Annual Report - General Order No. R5-2007-0035
Reporting period 01/01/2023 to 12/31/2023.

DAIRY FACILITY INFORMATION

A. NAME OF DAIRY OR BUSINESS OPERATING THE DAIRY: U-Bar Dairy

Physical address of dairy:

11100 Liberty RD	Galt	San Joaquin	95632
Number and Street	City	County	Zip Code

Street and nearest cross street (if no address):

Date facility was originally placed in operation: 01/01/1960

Regional Water Quality Control Board Basin Plan designation: San Joaquin River Basin

County Assessor Parcel Number(s) for dairy facility:

X007-X140-XX44-XXXX

B. OPERATORS

Ullrich, Kevin

Operator name: Ullrich, Kevin

Telephone no.: (209) 367-4230 (Landline) (209) 607-5043 (Cellular)

11100 E Liberty RD	Galt	CA	95632
Mailing Address Number and Street	City	State	Zip Code

This operator is responsible for paying permit fees.

C. OWNERS

Ullrich, Ann

Legal owner name: Ullrich, Ann

Telephone no.: (209) 367-4230 (Landline)

11100 E Liberty RD	Galt	CA	95632
Mailing Address Number and Street	City	State	Zip Code

Ullrich, Kevin

Legal owner name:	Ullrich, Kevin	Telephone no.:	(209) 367-4230	(209) 607-5043
			Landline	Cellular
11100 E Liberty RD	Galt		CA	95632
Mailing Address Number and Street	City		State	Zip Code

This owner is responsible for paying permit fees.

Annual Report - General Order No. R5-2007-0035
Reporting period 01/01/2023 to 12/31/2023.

AVAILABLE NUTRIENTS

A. HERD INFORMATION

	Milk Cows	Dry Cows	Bred Heifers (15-24 mo.)	Heifers (7-14 mo. to breeding)	Calves (4-6 mo.)	Calves (0-3 mo.)
Number open confinement	0	0	0	350	0	0
Number under roof	0	1	0	0	0	0
Maximum number	1	1	0	350	0	0
Average number	0	1	0	350	0	0
Avg live weight (lbs)	1,200	1,300	0	750		

Predominant milk cow breed: Jersey-Holstein Cross

Average milk production: 1 *pounds per cow per day*

B. MANURE GENERATED

Total manure excreted by the herd: 3,385.32 *tons per reporting period*

Total nitrogen from manure: 33,397.50 *lbs per reporting period*

After ammonia losses (30% loss applied): 23,378.25 *lbs per reporting period*

Total phosphorus from manure: 5,645.09 *lbs per reporting period*

Total potassium from manure: 1.00 *lbs per reporting period*

Total salt from manure: 229.95 *lbs per reporting period*

C. PROCESS WASTEWATER GENERATED

Process wastewater generated: 2,784,000 *gallons*

Total nitrogen generated: 1,537.80 *lbs*

Total phosphorus generated: 19,861.21 *lbs*

Total potassium generated: 531,338.90 *lbs*

Total salt generated: 15,658.69 *lbs*

	2,784,000	*gallons applied*
+	0	*gallons exported*
-	0	*gallons imported*
=	2,784,000	*gallons generated*

D. FRESH WATER SOURCES

Source Description	Type
Dairy/Domestic Well	Ground water
Gomes Ag Well	Ground water
Gomes Ranch Dom.	Ground water
Home Irr. Ag Well	Ground water

E. SUBSURFACE (TILE) DRAINAGE SOURCES

No subsurface (tile) drainage sources entered.

F. NUTRIENT IMPORTS

No dry manure nutrient imports entered.

No process wastewater nutrient imports entered.

No commercial or other nutrient imports entered.

G. NUTRIENT EXPORTS

Date	Material type	Quantity	Reporting basis	Moisture (%)	Density (lbs/cu ft)	N (mg/kg)	P (mg/kg)	K (mg/kg)	Salt (mg/kg)	TFS (%)
08/07/2023	Corral solids	592.00 *ton*	Dry-weight	6.5		26,600.00	11,900.00	33,500.00		31.30

No liquid nutrient exports entered.

Material type	Total N (lbs)	Total P (lbs)	Total K (lbs)	Total salt (lbs)
Dry manure	29,447.26	13,173.78	37,085.84	346,503.52
Process wastewater	0.00	0.00	0.00	0.00
Total exports for all materials	29,447.26	13,173.78	37,085.84	346,503.52

APPLICATION AREA

A. LIST OF LAND APPLICATION AREAS

Field name	Controlled acres	Cropable acres	Total harvests	Type of waste applied	Parcel number
Field #1	15	15	2	process wastewater	X007-X140-XX37-XXXX X007-X140-XX39-XXXX
Field #2	16	16	2	process wastewater	X007-X140-XX37-XXXX
Field #3	16	16	2	process wastewater	X007-X140-XX36-XXXX X007-X140-XX37-XXXX
Field #4	40	40	0	none	X007-X140-XX38-XXXX X007-X140-XX39-XXXX
Totals for areas that were used for application	47	47	6		
Totals for areas that were not used for application	40	40	0		
Land application area totals	87	87	6		

B. CROPS AND HARVESTS

Field #1

Field name: Field #1

10/04/2019: Pasture, hay

Crop: Pasture, hay Acres planted: 15 Plant date: 10/04/2019

Harvest date	Yield	Reporting basis	Density (lbs/cu ft)	Moisture (%)	N (mg/kg)	P (mg/kg)	K (mg/kg)	Salt (mg/kg)	TFS (%)
05/14/2023	75.00 *ton*	Dry-weight		9.9	14,200.00	2,200.00	16,000.00		10.30

	Yield (tons/acre)	Total N (lbs/acre)	Total P (lbs/acre)	Total K (lbs/acre)	Salt (lbs/acre)
Anticipated harvest content	6.00	153.60	24.00	86.40	0.00
Total actual harvest content	5.00	127.94	19.82	144.16	928.03

Field #1

10/04/2019: Pasture

Crop: Pasture Acres planted: 15 Plant date: 10/04/2019

Harvest date	Yield	Reporting basis	Density (lbs/cu ft)	Moisture (%)	N (mg/kg)	P (mg/kg)	K (mg/kg)	Salt (mg/kg)	TFS (%)
09/15/2023	120.00 *ton*	Dry-weight		85.5	33,900.00	6,140.00	31,100.00		13.50

	Yield (tons/acre)	Total N (lbs/acre)	Total P (lbs/acre)	Total K (lbs/acre)	Salt (lbs/acre)
Anticipated harvest content	10.00	98.00	18.00	90.00	0.00
Total actual harvest content	8.00	78.65	14.24	72.15	313.20

Field #2

Field name: Field #2

10/04/2019: Pasture, hay

Crop: Pasture, hay Acres planted: 16 Plant date: 10/04/2019

Harvest date	Yield	Reporting basis	Density (lbs/cu ft)	Moisture (%)	N (mg/kg)	P (mg/kg)	K (mg/kg)	Salt (mg/kg)	TFS (%)
05/14/2023	80.00 *ton*	Dry-weight		9.9	14,200.00	2,200.00	16,000.00		10.30

	Yield (tons/acre)	Total N (lbs/acre)	Total P (lbs/acre)	Total K (lbs/acre)	Salt (lbs/acre)
Anticipated harvest content	6.00	153.60	24.00	86.40	0.00
Total actual harvest content	5.00	127.94	19.82	144.16	928.03

10/04/2019: Pasture

Crop: Pasture Acres planted: 16 Plant date: 10/04/2019

Harvest date	Yield	Reporting basis	Density (lbs/cu ft)	Moisture (%)	N (mg/kg)	P (mg/kg)	K (mg/kg)	Salt (mg/kg)	TFS (%)
09/15/2023	128.00 *ton*	Dry-weight		85.5	33,900.00	6,140.00	31,100.00		13.50

	Yield (tons/acre)	Total N (lbs/acre)	Total P (lbs/acre)	Total K (lbs/acre)	Salt (lbs/acre)
Anticipated harvest content	10.00	98.00	18.00	90.00	0.00
Total actual harvest content	8.00	78.65	14.24	72.15	313.20

Field #3

Field name: Field #3

10/04/2019: Pasture, hay

Crop: Pasture, hay Acres planted: 16 Plant date: 10/04/2019

Harvest date	Yield	Reporting basis	Density (lbs/cu ft)	Moisture (%)	N (mg/kg)	P (mg/kg)	K (mg/kg)	Salt (mg/kg)	TFS (%)
05/14/2023	80.00 *ton*	Dry-weight		9.9	14,200.00	2,200.00	16,000.00		10.30

	Yield (tons/acre)	Total N (lbs/acre)	Total P (lbs/acre)	Total K (lbs/acre)	Salt (lbs/acre)
Anticipated harvest content	6.00	153.60	24.00	86.40	0.00
Total actual harvest content	5.00	127.94	19.82	144.16	928.03

10/04/2019: Pasture

Crop: Pasture Acres planted: 16 Plant date: 10/04/2019

Harvest date	Yield	Reporting basis	Density (lbs/cu ft)	Moisture (%)	N (mg/kg)	P (mg/kg)	K (mg/kg)	Salt (mg/kg)	TFS (%)
09/15/2023	128.00 *ton*	Dry-weight		85.5	33,900.00	6,140.00	31,100.00		13.50

	Yield (tons/acre)	Total N (lbs/acre)	Total P (lbs/acre)	Total K (lbs/acre)	Salt (lbs/acre)
Anticipated harvest content	10.00	98.00	18.00	90.00	0.00
Total actual harvest content	8.00	78.65	14.24	72.15	313.20

NUTRIENT BUDGET

A. LAND APPLICATIONS

Field #1 - 10/04/2019: Pasture, hay

Field name: Field #1

Crop: Pasture, hay

Plant date: 10/04/2019

Application date	Application method	Precipitation 24 hours prior	Precipitation during application	Precipitation 24 hours following
10/14/2022	Surface (irrigation)	No precipitation	No precipitation	No precipitation

Source description	Material type	N (lbs/acre)	P (lbs/acre)	K (lbs/acre)	Salt (lbs/acre)	Amount
Home Irr. Ag Well	Ground water	0.90	0.00	0.00	0.00	1,584,000.00 *gal*
Application event totals		0.90	0.00	0.00	0.00	

Field #1 - 10/04/2019: Pasture

Field name: Field #1

Crop: Pasture

Plant date: 10/04/2019

Application date	Application method	Precipitation 24 hours prior	Precipitation during application	Precipitation 24 hours following
05/15/2023	Surface (irrigation)	No precipitation	No precipitation	No precipitation

Source description	Material type	N (lbs/acre)	P (lbs/acre)	K (lbs/acre)	Salt (lbs/acre)	Amount
Lagoon Application	Process wastewater	26.02	650.51	17,679.92	264.85	417,600.00 *gal*
Home Irr. Ag Well	Ground water	1.23	0.00	0.00	0.00	2,160,000.00 *gal*
Application event totals		27.25	650.51	17,679.92	264.85	

Application date	Application method	Precipitation 24 hours prior	Precipitation during application	Precipitation 24 hours following
06/05/2023	Surface (irrigation)	No precipitation	No precipitation	No precipitation

Source description	Material type	N (lbs/acre)	P (lbs/acre)	K (lbs/acre)	Salt (lbs/acre)	Amount
Home Irr. Ag Well	Ground water	0.90	0.00	0.00	0.00	1,584,000.00 *gal*
Application event totals		0.90	0.00	0.00	0.00	

Application date	Application method	Precipitation 24 hours prior	Precipitation during application	Precipitation 24 hours following
06/26/2023	Surface (irrigation)	No precipitation	No precipitation	No precipitation

Source description	Material type	N (lbs/acre)	P (lbs/acre)	K (lbs/acre)	Salt (lbs/acre)	Amount
Home Irr. Ag Well	Ground water	0.90	0.00	0.00	0.00	1,584,000.00 *gal*
Application event totals		0.90	0.00	0.00	0.00	

Field #1 - 10/04/2019: Pasture

Application date	Application method	Precipitation 24 hours prior	Precipitation during application	Precipitation 24 hours following
07/17/2023	Surface (irrigation)	No precipitation	No precipitation	No precipitation

Source description	Material type	N (lbs/acre)	P (lbs/acre)	K (lbs/acre)	Salt (lbs/acre)	Amount
Lagoon Application	Process wastewater	10.04	4.99	13.61	102.22	417,600.00 *gal*
Home Irr. Ag Well	Ground water	0.90	0.00	0.00	0.00	1,584,000.00 *gal*
Application event totals		10.94	4.99	13.61	102.22	

Application date	Application method	Precipitation 24 hours prior	Precipitation during application	Precipitation 24 hours following
08/07/2023	Surface (irrigation)	No precipitation	No precipitation	No precipitation

Source description	Material type	N (lbs/acre)	P (lbs/acre)	K (lbs/acre)	Salt (lbs/acre)	Amount
Home Irr. Ag Well	Ground water	0.90	0.00	0.00	0.00	1,584,000.00 *gal*
Application event totals		0.90	0.00	0.00	0.00	

Application date	Application method	Precipitation 24 hours prior	Precipitation during application	Precipitation 24 hours following
08/28/2023	Surface (irrigation)	No precipitation	No precipitation	No precipitation

Source description	Material type	N (lbs/acre)	P (lbs/acre)	K (lbs/acre)	Salt (lbs/acre)	Amount
Home Irr. Ag Well	Ground water	0.90	0.00	0.00	0.00	1,584,000.00 *gal*
Application event totals		0.90	0.00	0.00	0.00	

Field #2 - 10/04/2019: Pasture, hay

Field name: Field #2

Crop: Pasture, hay

Plant date: 10/04/2019

Application date	Application method	Precipitation 24 hours prior	Precipitation during application	Precipitation 24 hours following
09/19/2022	Surface (irrigation)	No precipitation	No precipitation	No precipitation

Source description	Material type	N (lbs/acre)	P (lbs/acre)	K (lbs/acre)	Salt (lbs/acre)	Amount
Home Irr. Ag Well	Ground water	0.89	0.00	0.00	0.00	1,680,000.00 *gal*
Application event totals		0.89	0.00	0.00	0.00	

Application date	Application method	Precipitation 24 hours prior	Precipitation during application	Precipitation 24 hours following
10/10/2022	Surface (irrigation)	No precipitation	No precipitation	No precipitation

Source description	Material type	N (lbs/acre)	P (lbs/acre)	K (lbs/acre)	Salt (lbs/acre)	Amount
Home Irr. Ag Well	Ground water	0.89	0.00	0.00	0.00	1,680,000.00 *gal*
Application event totals		0.89	0.00	0.00	0.00	

Field #2 - 10/04/2019: Pasture

Field name: Field #2

Crop: Pasture

Plant date: 10/04/2019

Application date	Application method	Precipitation 24 hours prior	Precipitation during application	Precipitation 24 hours following
05/17/2023	Surface (irrigation)	No precipitation	No precipitation	No precipitation

Source description	Material type	N (lbs/acre)	P (lbs/acre)	K (lbs/acre)	Salt (lbs/acre)	Amount
Home Irr. Ag Well	Ground water	1.17	0.00	0.00	0.00	2,208,000.00 *gal*
Application event totals		1.17	0.00	0.00	0.00	

Application date	Application method	Precipitation 24 hours prior	Precipitation during application	Precipitation 24 hours following
06/07/2023	Surface (irrigation)	No precipitation	No precipitation	No precipitation

Source description	Material type	N (lbs/acre)	P (lbs/acre)	K (lbs/acre)	Salt (lbs/acre)	Amount
Lagoon Application	Process wastewater	24.39	609.85	16,574.92	248.30	417,600.00 *gal*
Home Irr. Ag Well	Ground water	0.87	0.00	0.00	0.00	1,632,000.00 *gal*
Application event totals		25.26	609.85	16,574.92	248.30	

Application date	Application method	Precipitation 24 hours prior	Precipitation during application	Precipitation 24 hours following
06/29/2023	Surface (irrigation)	No precipitation	No precipitation	No precipitation

Source description	Material type	N (lbs/acre)	P (lbs/acre)	K (lbs/acre)	Salt (lbs/acre)	Amount
Home Irr. Ag Well	Ground water	0.72	0.00	0.00	0.00	1,362,000.00 *gal*
Application event totals		0.72	0.00	0.00	0.00	

Application date	Application method	Precipitation 24 hours prior	Precipitation during application	Precipitation 24 hours following
07/19/2023	Surface (irrigation)	No precipitation	No precipitation	No precipitation

Source description	Material type	N (lbs/acre)	P (lbs/acre)	K (lbs/acre)	Salt (lbs/acre)	Amount
Home Irr. Ag Well	Ground water	0.87	0.00	0.00	0.00	1,632,000.00 *gal*
Application event totals		0.87	0.00	0.00	0.00	

Application date	Application method	Precipitation 24 hours prior	Precipitation during application	Precipitation 24 hours following
08/09/2023	Surface (irrigation)	No precipitation	No precipitation	No precipitation

Source description	Material type	N (lbs/acre)	P (lbs/acre)	K (lbs/acre)	Salt (lbs/acre)	Amount
Lagoon Application	Process wastewater	9.41	4.68	12.76	95.83	417,600.00 *gal*
Home Irr. Ag Well	Ground water	0.87	0.00	0.00	0.00	1,632,000.00 *gal*
Application event totals		10.28	4.68	12.76	95.83	

Field #2 - 10/04/2019: Pasture

Application date	Application method	Precipitation 24 hours prior	Precipitation during application	Precipitation 24 hours following
08/30/2023	Surface (irrigation)	No precipitation	No precipitation	No precipitation

Source description	Material type	N (lbs/acre)	P (lbs/acre)	K (lbs/acre)	Salt (lbs/acre)	Amount
Home Irr. Ag Well	Ground water	0.87	0.00	0.00	0.00	1,632,000.00 *gal*
Application event totals		0.87	0.00	0.00	0.00	

Field #3 - 10/04/2019: Pasture, hay

Field name: Field #3

Crop: Pasture, hay

Plant date: 10/04/2019

Application date	Application method	Precipitation 24 hours prior	Precipitation during application	Precipitation 24 hours following
09/21/2022	Surface (irrigation)	No precipitation	No precipitation	No precipitation

Source description	Material type	N (lbs/acre)	P (lbs/acre)	K (lbs/acre)	Salt (lbs/acre)	Amount
Lagoon Application	Process wastewater	9.67	2.89	7.78	98.74	278,400.00 *gal*
Home Irr. Ag Well	Ground water	0.89	0.00	0.00	0.00	1,680,000.00 *gal*
Application event totals		10.56	2.89	7.78	98.74	

Application date	Application method	Precipitation 24 hours prior	Precipitation during application	Precipitation 24 hours following
10/12/2022	Surface (irrigation)	No precipitation	No precipitation	No precipitation

Source description	Material type	N (lbs/acre)	P (lbs/acre)	K (lbs/acre)	Salt (lbs/acre)	Amount
Home Irr. Ag Well	Ground water	0.89	0.00	0.00	0.00	1,680,000.00 *gal*
Application event totals		0.89	0.00	0.00	0.00	

Field #3 - 10/04/2019: Pasture

Field name: Field #3

Crop: Pasture

Plant date: 10/04/2019

Application date	Application method	Precipitation 24 hours prior	Precipitation during application	Precipitation 24 hours following

Field #3 - 10/04/2019: Pasture

Application date	Application method	Precipitation 24 hours prior	Precipitation during application	Precipitation 24 hours following
05/19/2023	Surface (irrigation)	No precipitation	No precipitation	No precipitation

Source description	Material type	N (lbs/acre)	P (lbs/acre)	K (lbs/acre)	Salt (lbs/acre)	Amount
Home Irr. Ag Well	Ground water	1.17	0.00	0.00	0.00	2,208,000.00 *gal*
Application event totals		1.17	0.00	0.00	0.00	

Application date	Application method	Precipitation 24 hours prior	Precipitation during application	Precipitation 24 hours following
06/09/2023	Surface (irrigation)	No precipitation	No precipitation	No precipitation

Source description	Material type	N (lbs/acre)	P (lbs/acre)	K (lbs/acre)	Salt (lbs/acre)	Amount
Home Irr. Ag Well	Ground water	0.87	0.00	0.00	0.00	1,632,000.00 *gal*
Application event totals		0.87	0.00	0.00	0.00	

Application date	Application method	Precipitation 24 hours prior	Precipitation during application	Precipitation 24 hours following
07/01/2023	Surface (irrigation)	No precipitation	No precipitation	No precipitation

Source description	Material type	N (lbs/acre)	P (lbs/acre)	K (lbs/acre)	Salt (lbs/acre)	Amount
Lagoon Application	Process wastewater	9.41	4.68	12.76	95.83	417,600.00 *gal*
Home Irr. Ag Well	Ground water	0.87	0.00	0.00	0.00	1,632,000.00 *gal*
Application event totals		10.28	4.68	12.76	95.83	

Application date	Application method	Precipitation 24 hours prior	Precipitation during application	Precipitation 24 hours following
07/21/2023	Surface (irrigation)	No precipitation	No precipitation	No precipitation

Source description	Material type	N (lbs/acre)	P (lbs/acre)	K (lbs/acre)	Salt (lbs/acre)	Amount
Home Irr. Ag Well	Ground water	0.87	0.00	0.00	0.00	1,632,000.00 *gal*
Application event totals		0.87	0.00	0.00	0.00	

Application date	Application method	Precipitation 24 hours prior	Precipitation during application	Precipitation 24 hours following
08/11/2023	Surface (irrigation)	No precipitation	No precipitation	No precipitation

Source description	Material type	N (lbs/acre)	P (lbs/acre)	K (lbs/acre)	Salt (lbs/acre)	Amount
Home Irr. Ag Well	Ground water	0.87	0.00	0.00	0.00	1,632,000.00 *gal*
Application event totals		0.87	0.00	0.00	0.00	

Application date	Application method	Precipitation 24 hours prior	Precipitation during application	Precipitation 24 hours following
09/01/2023	Surface (irrigation)	No precipitation	No precipitation	No precipitation

Source description	Material type	N (lbs/acre)	P (lbs/acre)	K (lbs/acre)	Salt (lbs/acre)	Amount
Lagoon Application	Process wastewater	9.41	4.68	12.76	95.83	417,600.00 *gal*
Home Irr. Ag Well	Ground water	0.87	0.00	0.00	0.00	1,632,000.00 *gal*
Application event totals		10.28	4.68	12.76	95.83	

B. NUTRIENT BUDGET

Field #1 - 10/04/2019: Pasture, hay

Field name: Field #1 Crop: Pasture, hay Plant date: 10/04/2019

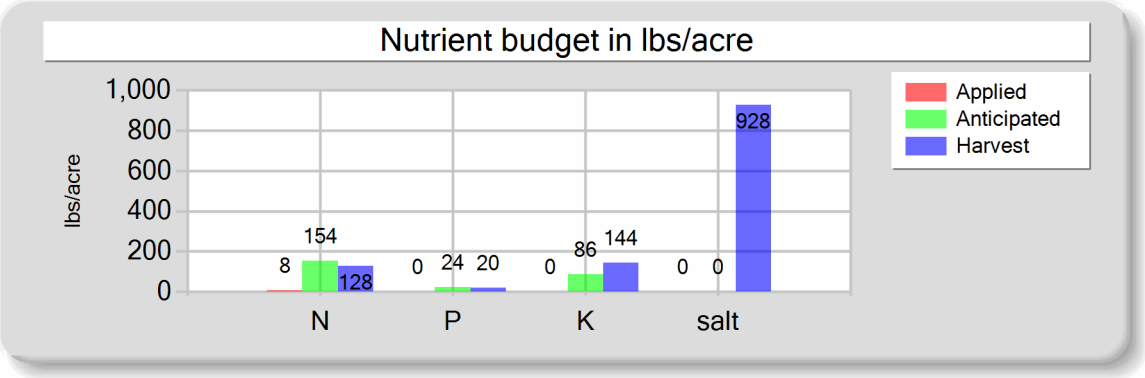

	Total N (lbs/acre)	Total P (lbs/acre)	Total K (lbs/acre)	Total salt (lbs/acre)
Existing soil nutrient content	0.00	0.00	0.00	0.00
Plowdown credit	0.00	0.00	0.00	0.00
Commercial fertilizer / Other	0.00	0.00	0.00	0.00
Dry manure	0.00	0.00	0.00	0.00
Process wastewater	0.00	0.00	0.00	0.00
Fresh water	0.90	0.00	0.00	0.00
Atmospheric deposition	7.00	0.00	0.00	0.00
Total nutrients applied	7.90	0.00	0.00	0.00
Anticipated crop nutrient removal	153.60	24.00	86.40	0.00
Actual crop nutrient removal	127.94	19.82	144.16	928.03
Nutrient balance	-120.04	-19.82	-144.16	-928.03
Applied to removed ratio	0.06	0.00	0.00	0.00

Fresh water applied	
1,584,000.00	*gallons*
58.33	*acre-inches*
3.89	*inches/acre*

Process wastewater applied	
0.00	*gallons*
0.00	*acre-inches*
0.00	*inches/acre*

Total harvests for the crop	
1	*harvests*

Field #1 - 10/04/2019: Pasture

Field name: Field #1 Crop: Pasture Plant date: 10/04/2019

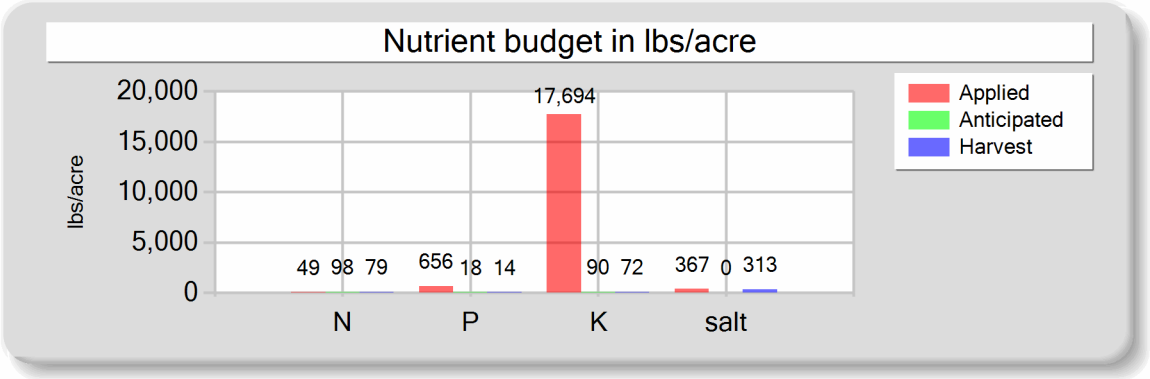

	Total N (lbs/acre)	Total P (lbs/acre)	Total K (lbs/acre)	Total salt (lbs/acre)
Existing soil nutrient content	0.00	0.00	0.00	0.00
Plowdown credit	0.00	0.00	0.00	0.00
Commercial fertilizer / Other	0.00	0.00	0.00	0.00
Dry manure	0.00	0.00	0.00	0.00
Process wastewater	36.06	655.50	17,693.53	367.07
Fresh water	5.72	0.00	0.00	0.00
Atmospheric deposition	7.00	0.00	0.00	0.00
Total nutrients applied	48.78	655.50	17,693.53	367.07
Anticipated crop nutrient removal	98.00	18.00	90.00	0.00
Actual crop nutrient removal	78.65	14.24	72.15	313.20
Nutrient balance	-29.87	641.26	17,621.38	53.87
Applied to removed ratio	0.62	46.02	245.23	1.17

Fresh water applied	
10,080,000.00	*gallons*
371.21	*acre-inches*
24.75	*inches/acre*

Process wastewater applied	
835,200.00	*gallons*
30.76	*acre-inches*
2.05	*inches/acre*

Total harvests for the crop	
1	*harvests*

Field #2 - 10/04/2019: Pasture, hay

Field name: Field #2 Crop: Pasture, hay Plant date: 10/04/2019

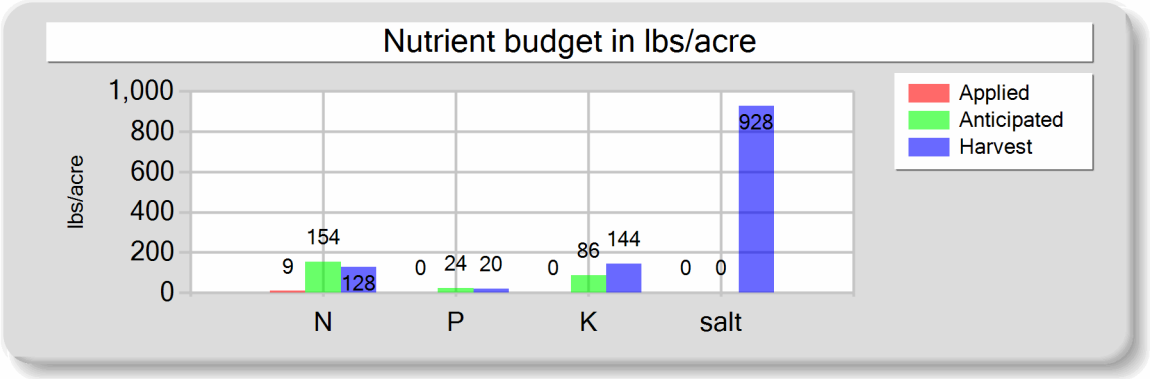

	Total N (lbs/acre)	Total P (lbs/acre)	Total K (lbs/acre)	Total salt (lbs/acre)
Existing soil nutrient content	0.00	0.00	0.00	0.00
Plowdown credit	0.00	0.00	0.00	0.00
Commercial fertilizer / Other	0.00	0.00	0.00	0.00
Dry manure	0.00	0.00	0.00	0.00
Process wastewater	0.00	0.00	0.00	0.00
Fresh water	1.79	0.00	0.00	0.00
Atmospheric deposition	7.00	0.00	0.00	0.00
Total nutrients applied	8.79	0.00	0.00	0.00
Anticipated crop nutrient removal	153.60	24.00	86.40	0.00
Actual crop nutrient removal	127.94	19.82	144.16	928.03
Nutrient balance	-119.15	-19.82	-144.16	-928.03
Applied to removed ratio	0.07	0.00	0.00	0.00

Fresh water applied	
3,360,000.00	*gallons*
123.74	*acre-inches*
7.73	*inches/acre*

Process wastewater applied	
0.00	*gallons*
0.00	*acre-inches*
0.00	*inches/acre*

Total harvests for the crop	
1	*harvests*

Field #2 - 10/04/2019: Pasture

Field name: Field #2 Crop: Pasture Plant date: 10/04/2019

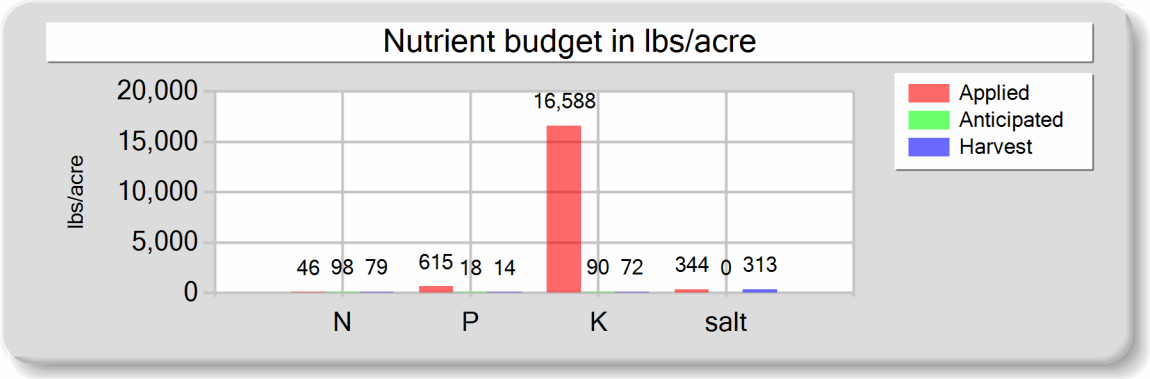

	Total N (lbs/acre)	Total P (lbs/acre)	Total K (lbs/acre)	Total salt (lbs/acre)
Existing soil nutrient content	0.00	0.00	0.00	0.00
Plowdown credit	0.00	0.00	0.00	0.00
Commercial fertilizer / Other	0.00	0.00	0.00	0.00
Dry manure	0.00	0.00	0.00	0.00
Process wastewater	33.81	614.54	16,587.69	344.13
Fresh water	5.37	0.00	0.00	0.00
Atmospheric deposition	7.00	0.00	0.00	0.00
Total nutrients applied	46.18	614.54	16,587.69	344.13
Anticipated crop nutrient removal	98.00	18.00	90.00	0.00
Actual crop nutrient removal	78.65	14.24	72.15	313.20
Nutrient balance	-32.47	600.29	16,515.53	30.93
Applied to removed ratio	0.59	43.14	229.90	1.10

Fresh water applied	
10,098,000.00	*gallons*
371.88	*acre-inches*
23.24	*inches/acre*

Process wastewater applied	
835,200.00	*gallons*
30.76	*acre-inches*
1.92	*inches/acre*

Total harvests for the crop	
1	*harvests*

Field #3 - 10/04/2019: Pasture, hay

Field name: Field #3 Crop: Pasture, hay Plant date: 10/04/2019

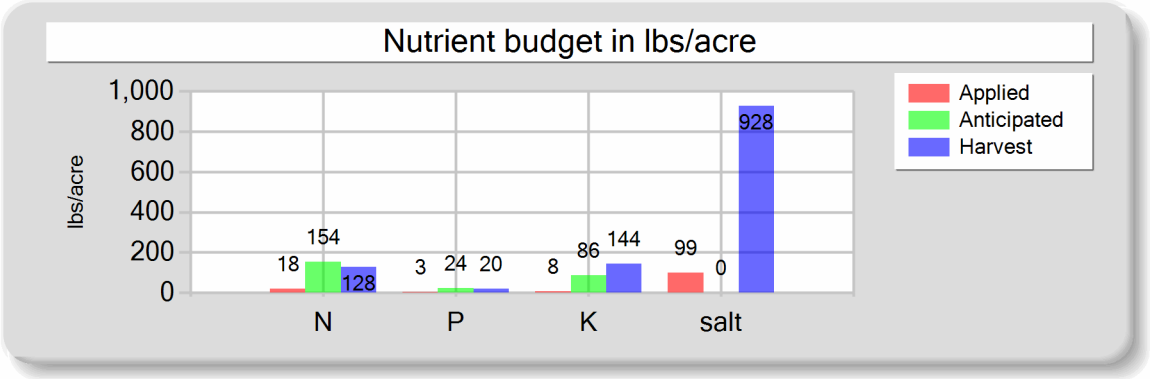

	Total N (lbs/acre)	Total P (lbs/acre)	Total K (lbs/acre)	Total salt (lbs/acre)
Existing soil nutrient content	0.00	0.00	0.00	0.00
Plowdown credit	0.00	0.00	0.00	0.00
Commercial fertilizer / Other	0.00	0.00	0.00	0.00
Dry manure	0.00	0.00	0.00	0.00
Process wastewater	9.67	2.89	7.78	98.74
Fresh water	1.79	0.00	0.00	0.00
Atmospheric deposition	7.00	0.00	0.00	0.00
Total nutrients applied	18.46	2.89	7.78	98.74
Anticipated crop nutrient removal	153.60	24.00	86.40	0.00
Actual crop nutrient removal	127.94	19.82	144.16	928.03
Nutrient balance	-109.48	-16.93	-136.38	-829.29
Applied to removed ratio	0.14	0.15	0.05	0.11

Fresh water applied	
3,360,000.00	*gallons*
123.74	*acre-inches*
7.73	*inches/acre*

Process wastewater applied	
278,400.00	*gallons*
10.25	*acre-inches*
0.64	*inches/acre*

Total harvests for the crop	
1	*harvests*

Field #3 - 10/04/2019: Pasture

Field name: Field #3 Crop: Pasture Plant date: 10/04/2019

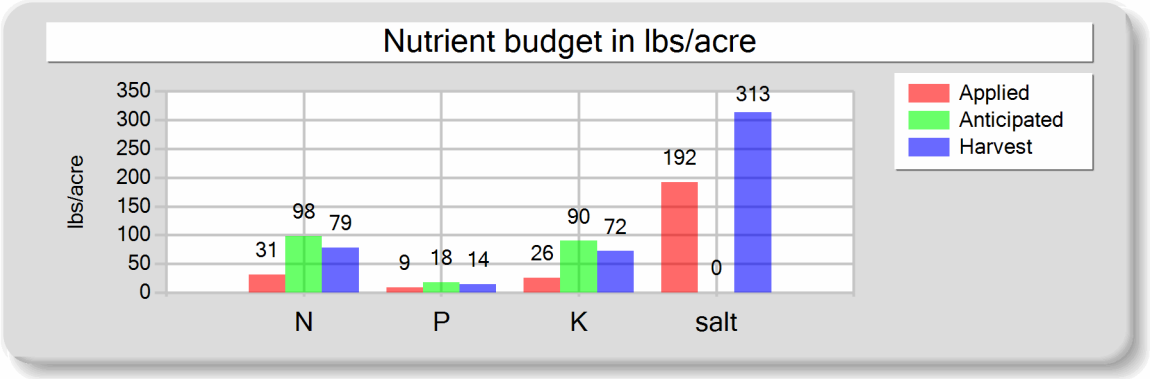

	Total N (lbs/acre)	Total P (lbs/acre)	Total K (lbs/acre)	Total salt (lbs/acre)
Existing soil nutrient content	0.00	0.00	0.00	0.00
Plowdown credit	0.00	0.00	0.00	0.00
Commercial fertilizer / Other	0.00	0.00	0.00	0.00
Dry manure	0.00	0.00	0.00	0.00
Process wastewater	18.83	9.37	25.53	191.67
Fresh water	5.52	0.00	0.00	0.00
Atmospheric deposition	7.00	0.00	0.00	0.00
Total nutrients applied	31.34	9.37	25.53	191.67
Anticipated crop nutrient removal	98.00	18.00	90.00	0.00
Actual crop nutrient removal	78.65	14.24	72.15	313.20
Nutrient balance	-47.31	-4.88	-46.63	-121.53
Applied to removed ratio	0.40	0.66	0.35	0.61

Fresh water applied	
10,368,000.00	*gallons*
381.82	*acre-inches*
23.86	*inches/acre*

Process wastewater applied	
835,200.00	*gallons*
30.76	*acre-inches*
1.92	*inches/acre*

Total harvests for the crop	
1	*harvests*

NUTRIENT ANALYSES

A. MANURE ANALYSES

T3139083B

Sample and source description: T3139083B

Sample date: 05/19/2023 Material type: Corral solids Source of analysis: Lab analysis Method of reporting: Dry-weight

Moisture: 74.2 %

	Total N (mg/kg)	Total P (mg/kg)	Total K (mg/kg)	Calcium (mg/kg)	Magnesium (mg/kg)	Sodium (mg/kg)	Sulfur (mg/kg)	Chloride (mg/kg)	Total salt (mg/kg)	TFS (%)
Value	22,700.00	8,630.00	9,790.00							0.00
DL	1.00	1.00	1.00							1.00

T3265026G

Sample and source description: T3265026G

Sample date: 09/22/2023 Material type: Corral solids Source of analysis: Lab analysis Method of reporting: Dry-weight

Moisture: 6.5 %

	Total N (mg/kg)	Total P (mg/kg)	Total K (mg/kg)	Calcium (mg/kg)	Magnesium (mg/kg)	Sodium (mg/kg)	Sulfur (mg/kg)	Chloride (mg/kg)	Total salt (mg/kg)	TFS (%)
Value	26,600.00	11,900.00	33,500.00	34,300.00	12,500.00	8,820.00	11,600.00	2,460.00		31.30
DL	1.00	1.00	1.00	1.00	1.00	1.00	1.00	1.00		1.00

B. PROCESS WASTEWATER ANALYSES

T2222035A

Sample and source description: T2222035A

Sample date: 08/10/2022 Material type: Process wastewater Source of analysis: Lab analysis pH: 7.20

	Kjeldahl-N (mg/L)	NH4-N (mg/L)	NH3-N (mg/L)	Nitrate-N (mg/L)	Total P (mg/L)	Total K (mg/L)	Calcium (mg/L)	Magnes. (mg/L)	Sodium (mg/L)	Bicarb. (mg/L)	Carb. (mg/L)	Sulfate (mg/L)	Chloride (mg/L)	EC (µmhos/cm)	TDS (mg/L)
Value	66.60	40.90	0.00	0.00	19.90	53.60	53.80	27.50	31.40	380.00	0.00	33.80	42.20	976.00	680
DL	1.00	1.00	1.00	0.14	1.00	1.00	1.00	1.00	1.00	1.00	2.00	1.00	1.00	100.00	1

T3053009A

Sample and source description: T3053009A

Sample date: 02/22/2023 Material type: Process wastewater Source of analysis: Lab analysis pH: 0.00

	Kjeldahl-N (mg/L)	NH4-N (mg/L)	NH3-N (mg/L)	Nitrate-N (mg/L)	Total P (mg/L)	Total K (mg/L)	Calcium (mg/L)	Magnes. (mg/L)	Sodium (mg/L)	Bicarb. (mg/L)	Carb. (mg/L)	Sulfate (mg/L)	Chloride (mg/L)	EC (µmhos/cm)	TDS (mg/L)
Value	171.00	64.40	0.00	0.00	88.40	411.00								3,030.00	2,240
DL	1.00	1.00	1.00	1.00	1.00	1.00								100.00	1

T3139083C

Sample and source description: T3139083C

Sample date: 05/19/2023 Material type: Process wastewater Source of analysis: Lab analysis pH: 0.00

	Kjeldahl-N (mg/L)	NH4-N (mg/L)	NH3-N (mg/L)	Nitrate-N (mg/L)	Total P (mg/L)	Total K (mg/L)	Calcium (mg/L)	Magnes. (mg/L)	Sodium (mg/L)	Bicarb. (mg/L)	Carb. (mg/L)	Sulfate (mg/L)	Chloride (mg/L)	EC (µmhos/cm)	TDS (mg/L)
Value	112.00	72.80	0.00	0.00	2,800.00	76,100.00								2,280.00	1,140
DL	1.00	1.00	1.00	1.00	1.00	1.00								100.00	1

T3265026E

Sample and source description: T3265026E

Sample date: 09/22/2023 Material type: Process wastewater Source of analysis: Lab analysis pH: 7.60

	Kjeldahl-N (mg/L)	NH4-N (mg/L)	NH3-N (mg/L)	Nitrate-N (mg/L)	Total P (mg/L)	Total K (mg/L)	Calcium (mg/L)	Magnes. (mg/L)	Sodium (mg/L)	Bicarb. (mg/L)	Carb. (mg/L)	Sulfate (mg/L)	Chloride (mg/L)	EC (µmhos/cm)	TDS (mg/L)
Value	42.00	25.20	0.00	1.22	21.50	58.60	57.00	28.70	21.70	340.00	0.00	37.90	33.30	857.00	440
DL	1.00	1.00	1.00	1.00	1.00	1.00	1.00	1.00	1.00	1.00	2.00	1.00	1.00	100.00	1

C. FRESH WATER ANALYSES

Dairy/Domestic Well

Dairy/Domestic Well

T3265026A

Sample description: T3265026A

Sample date: 09/22/2023 Source of analysis: Lab analysis

	Total N (mg/L)	NH4-N (mg/L)	Nitrate-N (mg/L)	Calcium (mg/L)	Magnesium (mg/L)	Sodium (mg/L)	Bicarbonate (mg/L)	Carbonate (mg/L)	Sulfate (mg/L)	Chloride (mg/L)	EC (µmhos/cm)	TDS (mg/L)
Value	9.12	0.00	9.12	38.90	20.70	17.80	120.00	0.00	20.80	46.30	512.00	320
DL	1.00	0.50	1.00	1.00	1.00	1.00	1.00	2.00	1.00	1.00	100.00	1

Gomes Ag Well

T3265026D

Sample description: T3265026D

Sample date: 09/22/2023 Source of analysis: Lab analysis

	Total N (mg/L)	NH4-N (mg/L)	Nitrate-N (mg/L)	Calcium (mg/L)	Magnesium (mg/L)	Sodium (mg/L)	Bicarbonate (mg/L)	Carbonate (mg/L)	Sulfate (mg/L)	Chloride (mg/L)	EC (µmhos/cm)	TDS (mg/L)
Value	0.19	0.00	0.19								195.00	0
DL	0.10	0.50	0.10								100.00	1

Gomes Ranch Dom.

T3265026C

Sample description: T3265026C

Sample date: 09/22/2023 Source of analysis: Lab analysis

	Total N (mg/L)	NH4-N (mg/L)	Nitrate-N (mg/L)	Calcium (mg/L)	Magnesium (mg/L)	Sodium (mg/L)	Bicarbonate (mg/L)	Carbonate (mg/L)	Sulfate (mg/L)	Chloride (mg/L)	EC (µmhos/cm)	TDS (mg/L)
Value	10.20	0.00	10.20								512.00	0
DL	1.00	0.50	1.00								100.00	1

Home Irr. Ag Well

Home Irr. Ag Well

T3265026B

Sample description: T3265026B

Sample date: 09/22/2023 Source of analysis: Lab analysis

	Total N (mg/L)	NH4-N (mg/L)	Nitrate-N (mg/L)	Calcium (mg/L)	Magnesium (mg/L)	Sodium (mg/L)	Bicarbonate (mg/L)	Carbonate (mg/L)	Sulfate (mg/L)	Chloride (mg/L)	EC (µmhos/cm)	TDS (mg/L)
Value	1.02	0.00	1.02								240.00	0
DL	1.00	0.50	1.00								100.00	1

D. SOIL ANALYSES

No soil analyses entered.

E. PLANT TISSUE ANALYSES

Field #1 - 10/04/2019: Pasture, hay

T3139083A

Sample and source description: T3139083A

Sample date: 05/19/2023 Source of analysis: Lab analysis Method of reporting: Dry-weight

Moisture: 9.9 %

	Total N (mg/kg)	Total P (mg/kg)	Total K (mg/kg)	Total salt (mg/kg)	TFS (%)
Value	14,200.00	2,200.00	16,000.00		10.30
DL	1.00	1.00	1.00		1.00

Field #1 - 10/04/2019: Pasture

Field #1 - 10/04/2019: Pasture

T3265026F

Sample and source description: T3265026F

Sample date: 09/22/2023 Source of analysis: Lab analysis Method of reporting: Dry-weight

Moisture: 85.5 %

	Total N (mg/kg)	Total P (mg/kg)	Total K (mg/kg)	Total salt (mg/kg)	TFS (%)
Value	33,900.00	6,140.00	31,100.00		13.50
DL	1.00	1.00	1.00		1.00

Field #2 - 10/04/2019: Pasture, hay

T3139083A

Sample and source description: T3139083A

Sample date: 05/19/2023 Source of analysis: Lab analysis Method of reporting: Dry-weight

Moisture: 9.9 %

	Total N (mg/kg)	Total P (mg/kg)	Total K (mg/kg)	Total salt (mg/kg)	TFS (%)
Value	14,200.00	2,200.00	16,000.00		10.30
DL	1.00	1.00	1.00		1.00

Field #2 - 10/04/2019: Pasture

T3265026F

Sample and source description: T3265026F

Sample date: 09/22/2023 Source of analysis: Lab analysis Method of reporting: Dry-weight

Moisture: 85.5 %

	Total N (mg/kg)	Total P (mg/kg)	Total K (mg/kg)	Total salt (mg/kg)	TFS (%)
Value	33,900.00	6,140.00	31,100.00		13.50
DL	1.00	1.00	1.00		1.00

Field #3 - 10/04/2019: Pasture, hay

T3139083A

Sample and source description: T3139083A

Sample date: 05/19/2023 Source of analysis: Lab analysis Method of reporting: Dry-weight

Moisture: 9.9 %

	Total N (mg/kg)	Total P (mg/kg)	Total K (mg/kg)	Total salt (mg/kg)	TFS (%)
Value	14,200.00	2,200.00	16,000.00		10.30
DL	1.00	1.00	1.00		1.00

Field #3 - 10/04/2019: Pasture

T3265026F

Sample and source description: T3265026F

Sample date: 09/22/2023 Source of analysis: Lab analysis Method of reporting: Dry-weight

Moisture: 85.5 %

	Total N (mg/kg)	Total P (mg/kg)	Total K (mg/kg)	Total salt (mg/kg)	TFS (%)
Value	33,900.00	6,140.00	31,100.00		13.50
DL	1.00	1.00	1.00		1.00

F. SUBSURFACE (TILE) DRAINAGE ANALYSES

No subsurface (tile) drainage analyses entered.

NUTRIENT APPLICATIONS, POTENTIAL REMOVAL, AND BALANCE

A. SUMMARY OF NUTRIENT APPLICATIONS, POTENTIAL REMOVAL, AND BALANCE

	Total N (lbs)	Total P (lbs)	Total K (lbs)	Total salt (lbs)
Existing soil nutrient content	0.00	0.00	0.00	0.00
Plowdown credit	0.00	0.00	0.00	0.00
Commercial fertilizer / Other	0.00	0.00	0.00	0.00
Dry manure	0.00	0.00	0.00	0.00
Process wastewater	1,537.80	19,861.21	531,338.90	15,658.69
Fresh water	330.69	0.00	0.00	0.00
Atmospheric deposition	658.00	0.00	0.00	0.00
Total nutrients applied	2,526.49	19,861.21	531,338.90	15,658.69
Anticipated crop nutrient removal	11,825.20	1,974.00	8,290.80	0.00
Actual crop nutrient removal	9,709.73	1,601.14	10,166.66	58,337.81
Nutrient balance	-7,183.24	18,260.08	521,172.23	-42,679.12
Applied to removed ratio	0.26	12.40	52.26	0.27

B. POUNDS OF NUTRIENT APPLIED VS. CROP REMOVAL

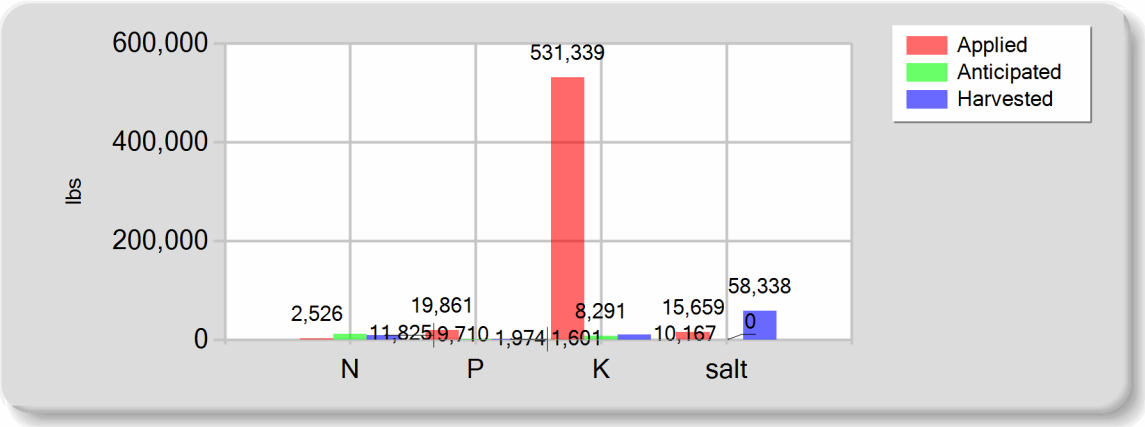

C. POUNDS OF NUTRIENT APPLIED BY MATERIAL TYPE

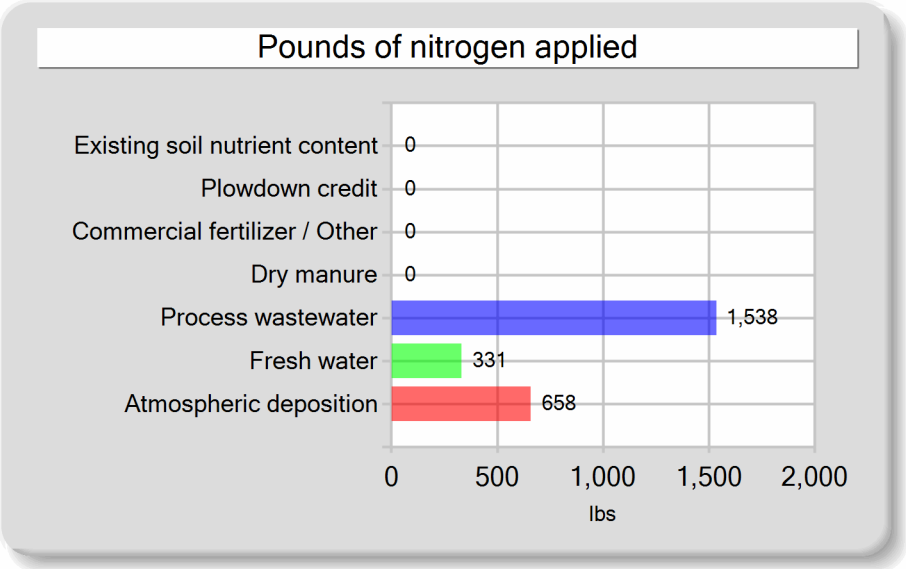

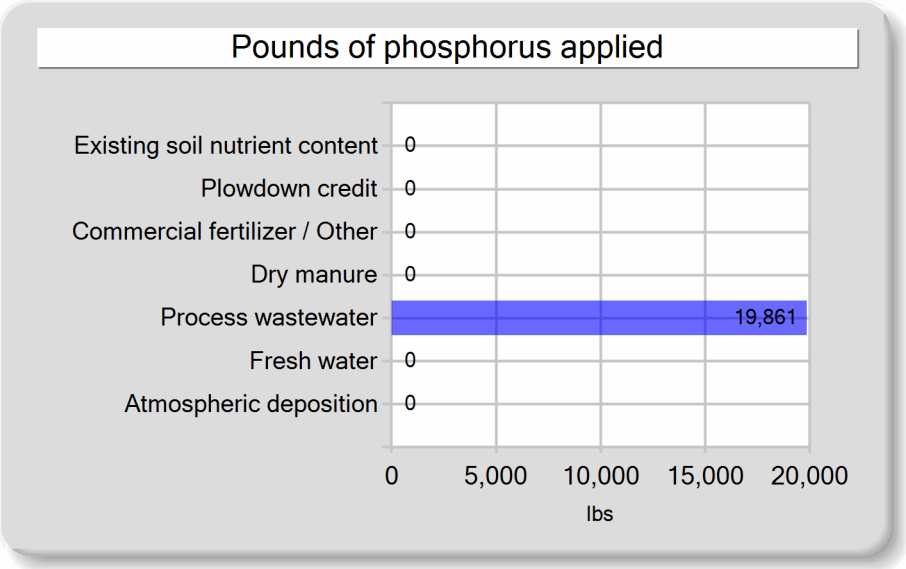

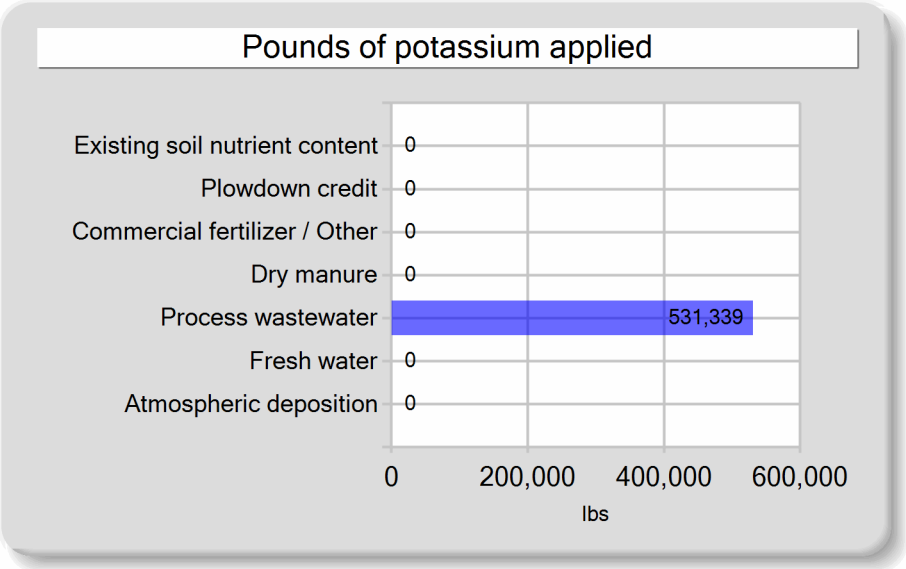

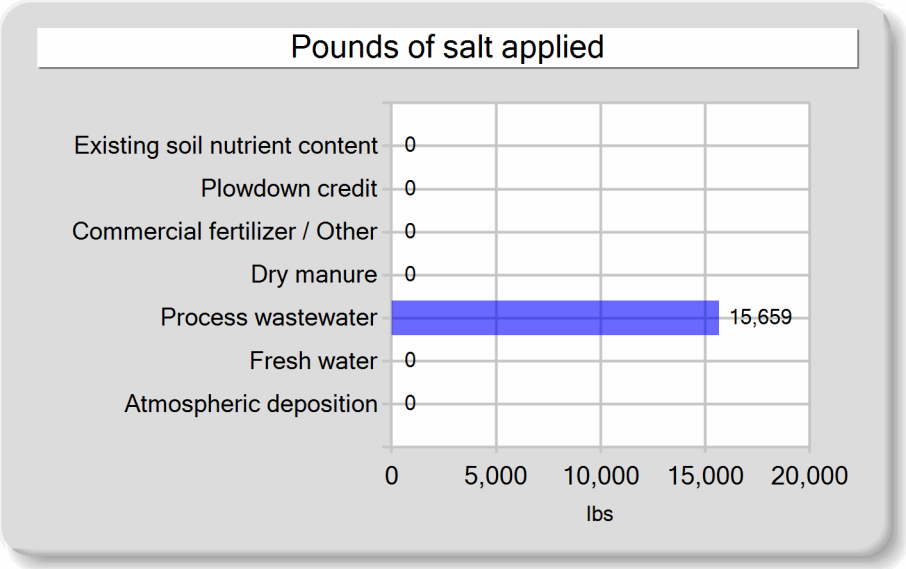

EXCEPTION REPORTING

A. MANURE, PROCESS WASTEWATER, AND OTHER DAIRY WASTE DISCHARGES

The following is a summary of all manure and process wastewater discharges from the production area to surface water or to land areas (land application areas or otherwise) when not in accordance with the facility's Nutrient Management Plan.

No manure or process wastewater discharges occurred during the reporting period.

B. STORM WATER DISCHARGES

The following is a summary of all storm water discharges from the production area to surface water during the reporting period when not in accordance with the facility 's Nutrient Management Plan.

No stormwater discharges occurred during the reporting period.

C. LAND APPLICATION AREA TO SURFACE WATER DISCHARGES

The following is a summary of all discharges from the land application area to surface water that have occurred during the reporting period when not in accordance with the facility's Nutrient Management Plan.

No land application area to surface water discharges occurred during the reporting period.

NUTRIENT MANAGEMENT PLAN AND EXPORT AGREEMENT STATEMENTS

A. NUTRIENT MANAGEMENT PLAN STATEMENTS

Was the facility's NMP updated in the reporting period?	Yes
Was the facility's NMP developed by a certified nutrient management planner (specialist) as specified in Attachment C of the General Order?	Yes
Was the facility's NMP approved by a certified nutrient management planner (specialist) as specified in Attachment C of the General Order?	Yes

B. EXPORT AGREEMENT STATEMENT

Are there any written agreements with third parties to receive manure or process wastewater that are new or were revised within the reporting period?	No

ADDITIONAL NOTES

A. NOTES

No notes entered for this annual report.

CERTIFICATION

A. OWNER AND/OR OPERATOR CERTIFICATION

I certify under penalty of law that I have personally examined and am familiar with the information submitted in this document and all attachments and that, based on my inquiry of those individuals immediately responsible for obtaining the information, I believe that the information is true, accurate, and complete. I am aware that there are significant penalties for submitting false information, including the possibility of fine and imprisonment.

SIGNATURE OF OWNER OF FACILITY	SAME SIGNATURE OF OPERATOR OF FACILITY
Kevin Ullrich PRINT OR TYPE NAME	SAME AS OWNER PRINT OR TYPE NAME
6/6/24 DATE	DATE

ATTACHMENTS

A. REQUIRED ATTACHMENTS

The following lists the required documents that should be attached to the Annual Report when submitted .

Annual Dairy Facility Assessment
Provide an Annual Dairy Facility Assessment (an update to the Preliminary Dairy Facility Assessment in Attachment A) for each reporting period. On the PDFA Final page, click on the ADFA Report button to generate an ADFA report after updating information as needed .

Manure/Process Wastewater Tracking Manifests
Provide copies of all manure/process wastewater tracking manifests for the reporting period, signed by both the owner/operator and the hauler.

Corrective Actions Documents
Provide records documenting any corrective actions taken to correct deficiencies noted as a result of the inspections required in the Monitoring Requirements of the General Order. Deficiencies not corrected in 30 days must be accompanied by an explanation of the factors preventing immediate correction.

Groundwater Monitoring
Dischargers that monitor supply wells or subsurface (tile) drainage systems, or that have monitoring well systems must submit monitoring results as directed in the General Order, Groundwater Reporting Section starting on page MRP-13.

Storm Water Monitoring
Dischargers that are required to monitor storm water more frequently than required in the General Order must submit monitoring results as directed in the General Order, Storm Water Reporting Section on page MRP-14.

ATTACHMENT D

Manure/Process Wastewater Tracking Manifest
For
Existing Milk Cow Dairies

Instructions:

1) Complete one manifest for each hauling event, for each destination. A hauling event may last for several days, as long as the manure is being hauled to the same destination.
2) If there are multiple destinations, **complete a separate form for each destination**.
3) The operator must obtain the signature of the hauler upon completion of each manure-hauling event.
4) The operator shall submit copies of manure/process wastewater tracking manifest(s) with the Annual Monitoring Report for Existing Milk Cow Dairies.

Operator Information:

Name of Operator: ____Kevin Ullrich_____

Name of Dairy Facility: __U Bar Dairy_____

Facility Address: _11100 Liberty Rd._____Galt_____95632__
Number and Street City Zip Code

Contact Person Name and Phone Number: __Kevin Ullrich_____209-607-5043__
Name Phone Number

Manure/Process Wastewater Hauler Information:

Name of Hauling Company/Person: _Warren Spreading_____

Address of Hauling Company /Person: _27613 Sowles Rd._____Galt_____95632_
Number and Street City Zip Code

Contact Person: __Jerry Warren_____209-327-0779_____
Name Phone Number

Destination Information:

Composting Facility / Broker / Farmer / Other (identify) _____(please circle one)

Contact information of Composting Facility, Broker, Farmer, or Other (as identified above):

__Frank Riccobuono____11151 Liberty Rd_____Galt_____95632_____209-368-4514__
Name Number and Street City Zip Code Phone Number

Manure/Process Wastewater Destination Address or Assessor's Parcel Number:

_____SAME_____
Number and Street City Zip Code Assessor's Parcel Number

Dates Hauled: ____8/7/23_____

Amount Hauled:

Enter the amount of manure hauled in tons or cubic yards (indicate the units used), the manure solids content (if amount reported in tons) or manure density (if amount reported in cubic yards), and the method used to calculate the amount: N 2.66%
P 1.19% K 3.35%

Manure: ___592_____Tons or Cubic Yards (indicate which units used)
Manure Solids Content (if amount reported in tons): ___6.5%_____
Manure Density (if amount reported in cubic yards): _____

Method used to determine amount of manure: Hauler's estimation

Enter the amount of process wastewater hauled in gallons and the method used to determine the amount.

Process Wastewater: _____ Gallons

Method used to determine volume of process wastewater: _____

Written Agreement:
Does the Operator have a written agreement (in compliance with Land Application Specification C.2 of Waste Discharge Requirements General Order No. R5-2007-0035) with any party that receives process wastewater from the Operator for its own use? (please check one)

____ Yes _____ No

If the answer is no, the Operator agrees to have such a written agreement with any such party for any process wastewater transferred after **31 December 2007** to such party.
_____ (Operator shall provide initials here to acknowledge this requirement).

Certification:
I declare under the penalty of law that I personally examined and am familiar with the information submitted in this document, and that based on my inquiry of those individuals immediately responsible for obtaining the information, I believe that the information is true, accurate, and complete. I am aware that there are significant penalties for submitting false information, including the possibility of a fine and imprisonment for knowing violations.

Operator's Signature: _____ Date: 11/7/23

Hauler's Signature: _____ Date: 11/7/23

DENELE ANALYTICAL, INC.
865 S. KILROY
TURLOCK, CA 95380
PH# 209-634-9055 FAX# 209-634-9057

DAIRY COMPLIANCE

Client: U Bar Dairy
Mailing address: 11100 E. Liberty Rd.
(not facility address) Galt, CA 95632
Phone#: (209) 607-5043

Authorized Copy Released To:
JCRK, INC.
(209) 327-0992
Sampled By: Kevin Ullrich
Project ID:

ANALYSIS TO BE COMPLETED:

IRRIGATION/GROUND WATER
H1 EC*, NO3-N, NH4-N*
H6 EC, TN, TDS
H7 Combination of H1 & H6
H14 EC, NO3-N, NH4-N, Ca, Mg, Na, Bicarb Carb, SO4, Cl, TDS

PROCESS WASTE WATER
H3 EC*, NH4-N, TKN, TP, K, TDS
H4 EC*, NO3-N, NH4-N, TKN, TP, K, TDS
H5 Ca, Mg, Na, Bicarb, Carb, SO4, Cl
H8 Combination of H3 &H5
H9 Combination of H4 &H5

TILE DRAIN
H2 EC*, NO3-N, TP, NH4-N*, TDS

*Required Field Measurement
____ (Check here if performed)

DISCHARGE WATER
E1 EC*, Temp*, pH*, NO3-N, NH4-N, TKN, TP, K, TDS, Dissolved Oxygen*, BOD 5, TSS, Total & Fecal Coliforms
E2 EC,* Temp*, pH*, NO3-N, NH4-N*, Turbidity, TP, Dissolved Oxygen*, Total & Fecal Coliforms
E3 EC*, Temp*, pH*, NO3-N, NH4-N*, TP, Total & Fecal Coliforms
E4 EC*, Temp*, pH*, NO3-N, NH4-N*, Turbidity, TP, Total & Fecal Coliform

MANURE
M1 % Moisture
M3 TN TP, K, % Moisture
M4 Ca, Mg, Na, Bicarb, Carb, SO4, Cl, Ash
M7 Combination of M3 & M4

PLANT TISSUE
F18 % Moisture, Ash, TN, P, K, DM and as received
F18+ % Moisture, Ash, TN, P, K, DM and as received (Package also includes NIR DCAD)
F19+ % Moisture, TN (Package includes complete plant tissue analysis)

SOIL
K3 Soluble Phosphorus
K4 1ft NO3, Organic Matter
K5 Pre-Plant (2ft NO3), Fall (1-2ft NO3), Fall (2-3ft NO3)
K6 0-1ft EC, NO3, Soluble P, K, Organic Matter
K7 Combination of K3 & K4
K8 Combination of K3 & K5

	Date Collected	Time Collected	Sample ID	Description	Temp	Well Purge	H1	H3	M3	F18	OTHER
1	9/19/23	8:00a	Dairy/Dom. Well	Dom. Well	18.2	20min					
2	✓	8:30a	Home Irr. Ag Well	Ag Well	16.8	✓	X				H14
3	✓	9:00a	Gomes Ranch Dom	Dom Well	16.0	✓	X				
4	✓	10:00a	Gomes Ag Well	Ag Well	16.0	✓	X				
5	✓	10:20a	3rd Qtr Lagoon	Process Wastewater	19.8						
6	✓	10:30a	Fields 1,2+3	Pasture							H9+pH
7	✓	10:45a	Corral Manure	Manure						X	
8											M7
9											
10											

Analysis

CHAIN OF CUSTODY RECORDING

	Signature	Company	Received Date & Time	Relinquished Date & Time	(LABORATORY USE ONLY)	
1st	Jacquie Capteim	JCRK		9/20/23 8:00a	Logged In By:	LABORATORY NUMBER
2nd		DENELE ANALYTICAL, INC.	9-22-23 1:00			T3265026

Required to be submitted to any agency? (YES / NO)

Denele Analytical, Inc.

865 South Kilroy Avenue Turlock, CA 95380
Phone (209) 634-9055 - Fax (209) 634-9057

www.denelelabs.com

40 N. East Street, Woodland, CA 95776
Phone (530) 666-9056 - Fax (530) 666-9058

Compliance Analysis Report

Customer
U BAR DAIRY
11100 E. Liberty Rd
Galt, CA 95632

Grower

Consultant:
Jacquie Captein
P.O. Box 386
Herald, CA 95638

PURCHASE ORDER:
RECEIVED DATE: 9/22/23 1:00 PM
SUBMITTED BY: Jacquie
ANALYZED DATE: 9/25/23

Irrigation /Ground Water (H14)
SOURCE: Well Water

NOTES: Temperature was above qualifying at 18.2c

Sample ID	Lab ID	Analyte	Method Ref	Result	Units
Dairy/Dom. Well	T3265026A	Electrical Conductivity (EC)	EPA 120.1 and	0.512	mmhos/cm
		Bicarbonate Alkalinity (ALK-B)	SM 2320B-2011	120	mg/L
		Carbonate Alkalinity (Carb)	SM 2320B-2011	< 2.00	mg/L
		Sulfate (SO4)	EPA 375.2	20.8	mg/L
		Sodium (Na)	EPA 200.7	17.8	mg/L
		Ammonia Nitrogen (NH3-N)	SM 4500-NH3 D,C	< 0.500	mg/L
		Magnesium (Mg)	EPA 200.7	20.7	mg/L
		Nitrate Nitrogen (NO3-N)	EPA 353.2	9.12	mg/L
		Total Dissolved Solids (TDS)	SM 2540 C-1997 and	320	mg/L
		Calcium (Ca)	EPA 200.7	38.9	mg/L
		Chloride (Cl)	SM 4500-Cl D-2011	46.3	mg/L
		Soluble Salts (SALT-SOL)	Calculation	327	mg/L

Laboratory Quality Control	LCS %	MS %	MSD %	Sample mg/L	Dup mg/L	RPD %
Ammonia Nitrogen (NH3-N)	94.4	93.4 (T3269010A)	95.8 (T3269010A)			2.53
Calcium (Ca)	94.5	91.3 (T3265026A)	90.8 (T3265026A)			0.553
Chloride (Cl)	95.0	93.4 (W3265005A)	98.7 (W3265005A)			5.52
Magnesium (Mg)	90.7	94.3 (T3265026A)	94.3 (T3265026A)			0.034
Nitrate Nitrogen (NO3-N)	99.7	86.9 (W3265005A)	93.2 (W3265005A)			7.04
Sodium (Na)	97.1					
Sulfate (SO4)	103	194 (W3265005A)	157 (W3265005A)			21.3
Total Dissolved Solids (TDS)	100			1500 (T3268021J)	1440 (Dup)	4.43

The warranty of Denele Analytical is limited to the accuracy of the analyses of the samples as received. Denele Analytical assumes no responsibility for which the customer uses our test results, nor liability for any other warranties, express or implied. These terms and conditions shall supercede any conflicting terms and conditions submitted on customer purchase orders or other forms submitted for work.

ELAP Certificate No.: 2714

Denele Analytical, Inc.

865 South Kilroy Avenue Turlock, CA 95380
Phone (209) 634-9055 - Fax (209) 634-9057

www.denelelabs.com

40 N. East Street, Woodland, CA 95776
Phone (530) 666-9056 - Fax (530) 666-9058

Compliance Analysis Report

Customer
U BAR DAIRY
11100 E. Liberty Rd
Galt, CA 95632

Grower

Consultant:
Jacquie Captein
P.O. Box 386
Herald, CA 95638

PURCHASE ORDER:
RECEIVED DATE: 9/22/23 1:00 PM
SUBMITTED BY: Jacquie
ANALYZED DATE: 9/26/23

Irrigation/ Ground Water (H1)
SOURCE: Irrigation Water

NOTES: Temperature was above qualifying at 16.8c

Sample ID	Lab ID	Analyte	Method Ref	Result	Units
Home Irr. Ag Well	T3265026B	Electrical Conductivity (EC)	EPA 120.1 and	0.240	mmhos/cm
		Nitrate Nitrogen (NO3-N)	EPA 353.2	1.02	mg/L
		Ammonia Nitrogen (NH3-N)	SM 4500-NH3 D,C	< 0.500	mg/L
		Soluble Salts (SALT-SOL)	Calculation	154	mg/L

Laboratory Quality Control	LCS %	MS %	MSD %	RPD %
Ammonia Nitrogen (NH3-N)	94.4	93.4 (T3269010A)	95.8 (T3269010A)	2.53
Electrical Conductivity (EC)	100			0.428
Nitrate Nitrogen (NO3-N)	98.2	98.9 (T3269039A)	91.9 (T3269039A)	7.42

The warranty of Denele Analytical is limited to the accuracy of the analyses of the samples as received. Denele Analytical assumes no responsibility for which the customer uses our test results, nor liability for any other warranties, express or implied. These terms and conditions shall supercede any conflicting terms and conditions submitted on customer purchase orders or other forms submitted for work.

ELAP Certificate No.: 2714

Denele Analytical, Inc.

865 South Kilroy Avenue Turlock, CA 95380
Phone (209) 634-9055 - Fax (209) 634-9057

www.denelelabs.com

40 N. East Street, Woodland, CA 95776
Phone (530) 666-9056 - Fax (530) 666-9058

Compliance Analysis Report

Customer
U BAR DAIRY
11100 E. Liberty Rd
Galt, CA 95632

Grower

Consultant:
Jacquie Captein
P.O. Box 386
Herald, CA 95638

PURCHASE ORDER:
RECEIVED DATE: 9/22/23 1:00 PM
SUBMITTED BY: Jacquie
ANALYZED DATE: 9/26/23

Irrigation/ Ground Water (H1)
SOURCE: Well Water

NOTES: Temperature was above qualifying at 16.0c

Sample ID	Lab ID	Analyte	Method Ref	Result	Units
Gomes Ranch Dom.	T3265026C	Electrical Conductivity (EC)	EPA 120.1 and	0.512	mmhos/cm
		Nitrate Nitrogen (NO3-N)	EPA 353.2	10.2	mg/L
		Ammonia Nitrogen (NH3-N)	SM 4500-NH3 D,C	< 0.500	mg/L
		Soluble Salts (SALT-SOL)	Calculation	328	mg/L

Laboratory Quality Control	LCS %	MS %	MSD %	RPD %
Ammonia Nitrogen (NH3-N)	94.4	93.4 (T3269010A)	95.8 (T3269010A)	2.53
Electrical Conductivity (EC)	100			0.428
Nitrate Nitrogen (NO3-N)	98.2	98.9 (T3269039A)	91.9 (T3269039A)	7.42

The warranty of Denele Analytical is limited to the accuracy of the analyses of the samples as received. Denele Analytical assumes no responsibility for which the customer uses our test results, nor liability for any other warranties, express or implied. These terms and conditions shall supercede any conflicting terms and conditions submitted on customer purchase orders or other forms submitted for work.

Denele Analytical, Inc.

865 South Kilroy Avenue Turlock, CA 95380
Phone (209) 634-9055 - Fax (209) 634-9057

www.denelelabs.com

40 N. East Street, Woodland, CA 95776
Phone (530) 666-9056 - Fax (530) 666-9058

Compliance Analysis Report

Customer
U BAR DAIRY
11100 E. Liberty Rd
Galt, CA 95632

Grower

Consultant:
Jacquie Captein
P.O. Box 386
Herald, CA 95638

PURCHASE ORDER:
RECEIVED DATE: 9/22/23 1:00 PM
SUBMITTED BY: Jacquie
ANALYZED DATE: 9/26/23

Irrigation/ Ground Water (H1)
SOURCE: Irrigation Water

NOTES: Temperature was above qualifying at 16.0c

Sample ID	Lab ID	Analyte	Method Ref	Result	Units
Gomes Ag Well	T3265026D	Electrical Conductivity (EC)	EPA 120.1 and	0.195	mmhos/cm
		Nitrate Nitrogen (NO3-N)	EPA 353.2	0.187	mg/L
		Ammonia Nitrogen (NH3-N)	SM 4500-NH3 D,C	< 0.500	mg/L
		Soluble Salts (SALT-SOL)	Calculation	125	mg/L

Laboratory Quality Control	LCS %	MS %	MSD %	RPD %
Ammonia Nitrogen (NH3-N)	94.4	93.4 (T3269010A)	95.8 (T3269010A)	2.53
Electrical Conductivity (EC)	100			0.428
Nitrate Nitrogen (NO3-N)	98.2	98.9 (T3269039A)	91.9 (T3269039A)	7.42

The warranty of Denele Analytical is limited to the accuracy of the analyses of the samples as received. Denele Analytical assumes no responsibility for which the customer uses our test results, nor liability for any other warranties, express or implied. These terms and conditions shall supercede any conflicting terms and conditions submitted on customer purchase orders or other forms submitted for work.