Annual Report - General Order No. R5-2007-0035
Reporting period 01/01/2023 to 12/31/2023.

DAIRY FACILITY INFORMATION

A. NAME OF DAIRY OR BUSINESS OPERATING THE DAIRY: Grand View Dairy

Physical address of dairy:

Number and Street	City	County	Zip Code
11923 E Childs AVE	Le Grand	Merced	95333

Street and nearest cross street (if no address):

Date facility was originally placed in operation: 01/01/1947

Regional Water Quality Control Board Basin Plan designation: San Joaquin River Basin

County Assessor Parcel Number(s) for dairy facility:

X053-X220-X016-XXXX X053-X290-X017-XXXX X053-X290-X018-XXXX

B. OPERATORS

Vander Woude, Simon

Operator name: Vander Woude, Simon

Telephone no.: (209) 384-1784 Landline (209) 564-2882 Cellular

Mailing Address Number and Street	City	State	Zip Code
2022 W Rahilly RD	Merced	CA	95340

Vander Woude, William

Operator name: Vander Woude, William

Telephone no.: (209) 631-6136 Landline Cellular

Mailing Address Number and Street	City	State	Zip Code
11923 E Childs AVE	Le Grand	CA	95333

This operator is responsible for paying permit fees.

C. OWNERS

Vander Woude, Simon

Legal owner name: Vander Woude, Simon

Telephone no.: (209) 384-1784 Landline (209) 564-2882 Cellular

Mailing Address Number and Street	City	State	Zip Code
2022 W Rahilly RD	Merced	CA	95340

Annual Report - General Order No. R5-2007-0035
Reporting period 01/01/2023 to 12/31/2023.

AVAILABLE NUTRIENTS

A. HERD INFORMATION

	Milk Cows	Dry Cows	Bred Heifers (15-24 mo.)	Heifers (7-14 mo. to breeding)	Calves (4-6 mo.)	Calves (0-3 mo.)
Number open confinement	0	0	535	265	0	0
Number under roof	1,890	230	0	0	0	0
Maximum number	2,035	242	600	275	0	0
Average number	1,890	230	535	265	0	0
Avg live weight (lbs)	1,400	1,400	900	650		

Predominant milk cow breed: Holstein

Average milk production: 80 *pounds per cow per day*

B. MANURE GENERATED

Total manure excreted by the herd: 61,909.66 *tons per reporting period*

Total nitrogen from manure: 780,764.68 *lbs per reporting period*

After ammonia losses (30% loss applied): 546,535.28 *lbs per reporting period*

Total phosphorus from manure: 131,031.35 *lbs per reporting period*

Total potassium from manure: 374,369.74 *lbs per reporting period*

Total salt from manure: 942,795.00 *lbs per reporting period*

C. PROCESS WASTEWATER GENERATED

Process wastewater generated: 49,966,500 *gallons*

Total nitrogen generated: 474,815.96 *lbs*

Total phosphorus generated: 223,206.24 *lbs*

Total potassium generated: 226,576.01 *lbs*

Total salt generated: 1,250,131.11 *lbs*

	39,165,000	*gallons applied*
+	10,801,500	*gallons exported*
-	0	*gallons imported*
=	49,966,500	*gallons generated*

D. FRESH WATER SOURCES

Source Description	Type
DW 12	Ground water
DW 15	Ground water
DW 29	Ground water
DW 3	Ground water
DW 34	Ground water

Annual Report - General Order No. R5-2007-0035
Reporting period 01/01/2023 to 12/31/2023.

Source Description	Type
GV Canal E	Surface water
IW 10	Ground water
IW 19	Ground water
IW 30	Ground water
IW 35	Ground water

E. SUBSURFACE (TILE) DRAINAGE SOURCES

No subsurface (tile) drainage sources entered.

F. NUTRIENT IMPORTS

No dry manure nutrient imports entered.

No process wastewater nutrient imports entered.

Date	Material type / Description	Quantity	Reporting basis	Moisture (%)	N (%)	P (%)	K (%)	Salt (%)
08/18/2023	Solid commercial fertilizer *UN32*	37.13 *ton*	Dry-weight	0.1	32.000000	0.000000	0.000000	0.000000

Material type	Total N (lbs)	Total P (lbs)	Total K (lbs)	Total salt (lbs)
Commercial fertilizer / Other	23,739.44	0.00	0.00	0.00
Dry manure	0.00	0.00	0.00	0.00
Process wastewater	0.00	0.00	0.00	0.00
Total imports for all materials	23,739.44	0.00	0.00	0.00

G. NUTRIENT EXPORTS

No solid nutrient exports entered.

Date	Material type	Quantity	Kjeldahl-N (mg/L)	Ammonium-N (mg/L)	Ammonia-N (mg/L)	Nitrate-N (mg/L)	P (mg/L)	K (mg/L)	EC (µmhos/cm)	TDS (mg/L)
08/03/2023	Process wastewater sludge	801,500.00 *gal*	3,530.00	495.00	0.00	9.47	1,550.00	1,200.00		2,870
08/13/2023	Process wastewater sludge	10,000,000.00 *gal*	3,530.00	495.00	0.00	9.47	1,550.00	1,200.00		2,870

Material type	Total N (lbs)	Total P (lbs)	Total K (lbs)	Total salt (lbs)
Dry manure	0.00	0.00	0.00	0.00
Process wastewater	319,042.58	139,714.70	108,166.22	258,697.55
Total exports for all materials	319,042.58	139,714.70	108,166.22	258,697.55

Annual Report - General Order No. R5-2007-0035
Reporting period 01/01/2023 to 12/31/2023.

APPLICATION AREA

A. LIST OF LAND APPLICATION AREAS

Field name	Controlled acres	Cropable acres	Total harvests	Type of waste applied	Parcel number
Field 1	23	23	2	manure	X053-X220-X008-XXXX X053-X220-X009-XXXX
Field 10	37	37	2	process wastewater	X053-X220-X016-XXXX
Field 11	28	28	2	process wastewater	X053-X220-X019-XXXX
Field 12	24	24	2	process wastewater	X053-X220-X020-XXXX
Field 13	13	13	2	process wastewater	X053-X220-X020-XXXX
Field 14	17	17	2	process wastewater	X053-X220-X020-XXXX
Field 15	12	12	2	both	X053-X220-X006-XXXX
Field 16	18	18	2	process wastewater	X053-X220-X006-XXXX
Field 17	13	13	2	process wastewater	X053-X220-X016-XXXX
Field 18	21	21	2	process wastewater	X053-X220-X016-XXXX X053-X220-X019-XXXX
Field 19	48	48	2	process wastewater	X053-X220-X019-XXXX
Field 2	6	6	2	manure	X053-X220-X009-XXXX
Field 20	24	24	2	process wastewater	X053-X290-X017-XXXX
Field 21	8	8	2	both	X053-X290-X021-XXXX
Field 22	20	20	2	both	X053-X290-X021-XXXX
Field 23	16	16	2	process wastewater	X053-X290-X022-XXXX
Field 24	14	14	2	process wastewater	X053-X290-X017-XXXX
Field 25	17	17	2	process wastewater	X053-X290-X017-XXXX
Field 26	10	10	1	process wastewater	X053-X290-X018-XXXX X053-X290-X020-XXXX
Field 27	6	6	2	process wastewater	X053-X290-X020-XXXX
Field 28	35	35	2	process wastewater	X053-X290-X020-XXXX
Field 29	31	31	2	process wastewater	X053-X290-X021-XXXX
Field 3	34	34	2	manure	X053-X220-X009-XXXX
Field 30	11	11	2	process wastewater	X053-X290-X017-XXXX
Field 31	12	12	2	process wastewater	X053-X290-X017-XXXX X053-X290-X019-XXXX
Field 32	7	7	2	both	X053-X290-X020-XXXX
Field 33	17	17	2	both	X053-X290-X020-XXXX
Field 34	41	41	2	process wastewater	X053-X290-X017-XXXX X053-X290-X019-XXXX
Field 35	18	18	2	process wastewater	X053-X290-X028-XXXX

Annual Report - General Order No. R5-2007-0035
Reporting period 01/01/2023 to 12/31/2023.

Field name	Controlled acres	Cropable acres	Total harvests	Type of waste applied	Parcel number
					X053-X290-X029-XXXX
Field 36	17	17	2	process wastewater	X053-X290-X027-XXXX
Field 37	17	17	2	manure	X053-X290-X023-XXXX X053-X290-X024-XXXX
Field 4	9	9	2	manure	X053-X220-X008-XXXX
Field 5	20	20	2	manure	X053-X220-X008-XXXX
Field 6	37	37	2	both	X053-X220-X009-XXXX
Field 7	6	6	2	manure	X053-X220-X008-XXXX
Field 8	13	13	2	manure	X053-X220-X016-XXXX
Field 9	8	8	2	manure	X053-X220-X016-XXXX
Field Joes/DaRocha	9	9	2	manure	X053-X280-X022-XXXX
Field Markarian	8	8	2	manure	X053-X270-X037-XXXX
Totals for areas that were used for application	725	725	77		
Totals for areas that were not used for application					
Land application area totals	725	725	77		

B. CROPS AND HARVESTS

Field 1

Field name: Field 1

11/01/2022: Wheat, silage, soft dough

Crop: Wheat, silage, soft dough Acres planted: 23 Plant date: 11/01/2022

Harvest date	Yield	Reporting basis	Density (lbs/cu ft)	Moisture (%)	N (mg/kg)	P (mg/kg)	K (mg/kg)	Salt (mg/kg)	TFS (%)
05/09/2023	434.20 *ton*	As-is		59.6	2,900.00	500.00	3,900.00		7.80

	Yield (tons/acre)	Total N (lbs/acre)	Total P (lbs/acre)	Total K (lbs/acre)	Salt (lbs/acre)
Anticipated harvest content	18.00	198.00	30.60	149.40	0.00
Total actual harvest content	18.88	109.49	18.88	147.25	1,189.78

Annual Report - General Order No. R5-2007-0035
Reporting period 01/01/2023 to 12/31/2023.

Field 1

07/05/2023: Corn, silage

Crop: Corn, silage Acres planted: 23 Plant date: 07/05/2023

Harvest date	Yield	Reporting basis	Density (lbs/cu ft)	Moisture (%)	N (mg/kg)	P (mg/kg)	K (mg/kg)	Salt (mg/kg)	TFS (%)
10/24/2023	441.40 *ton*	As-is		62.2	3,600.00	1,100.00	3,300.00		4.70

	Yield (tons/acre)	Total N (lbs/acre)	Total P (lbs/acre)	Total K (lbs/acre)	Salt (lbs/acre)
Anticipated harvest content	30.00	240.00	45.00	198.00	0.00
Total actual harvest content	19.19	138.18	42.22	126.66	681.91

Field 10

Field name: Field 10

11/04/2022: Wheat, silage, soft dough

Crop: Wheat, silage, soft dough Acres planted: 37 Plant date: 11/04/2022

Harvest date	Yield	Reporting basis	Density (lbs/cu ft)	Moisture (%)	N (mg/kg)	P (mg/kg)	K (mg/kg)	Salt (mg/kg)	TFS (%)
05/04/2023	758.10 *ton*	As-is		70.6	3,800.00	800.00	5,000.00		8.50

	Yield (tons/acre)	Total N (lbs/acre)	Total P (lbs/acre)	Total K (lbs/acre)	Salt (lbs/acre)
Anticipated harvest content	18.00	198.00	30.60	149.40	0.00
Total actual harvest content	20.49	155.72	32.78	204.89	1,024.05

05/29/2023: Corn, silage

Crop: Corn, silage Acres planted: 37 Plant date: 05/29/2023

Harvest date	Yield	Reporting basis	Density (lbs/cu ft)	Moisture (%)	N (mg/kg)	P (mg/kg)	K (mg/kg)	Salt (mg/kg)	TFS (%)
09/04/2023	1,273.30 *ton*	As-is		71.2	3,200.00	700.00	3,200.00		4.60

	Yield (tons/acre)	Total N (lbs/acre)	Total P (lbs/acre)	Total K (lbs/acre)	Salt (lbs/acre)
Anticipated harvest content	30.00	240.00	45.00	198.00	0.00
Total actual harvest content	34.41	220.25	48.18	220.25	911.82

Annual Report - General Order No. R5-2007-0035
Reporting period 01/01/2023 to 12/31/2023.

Field 11

Field name: Field 11

11/04/2022: Wheat, silage, soft dough

Crop: Wheat, silage, soft dough Acres planted: 28 Plant date: 11/04/2022

Harvest date	Yield	Reporting basis	Density (lbs/cu ft)	Moisture (%)	N (mg/kg)	P (mg/kg)	K (mg/kg)	Salt (mg/kg)	TFS (%)
05/04/2023	482.90 *ton*	As-is		68.1	3,200.00	700.00	5,200.00		7.50

	Yield (tons/acre)	Total N (lbs/acre)	Total P (lbs/acre)	Total K (lbs/acre)	Salt (lbs/acre)
Anticipated harvest content	18.00	198.00	30.60	149.40	0.00
Total actual harvest content	17.25	110.38	24.15	179.36	825.24

05/31/2023: Corn, silage

Crop: Corn, silage Acres planted: 28 Plant date: 05/31/2023

Harvest date	Yield	Reporting basis	Density (lbs/cu ft)	Moisture (%)	N (mg/kg)	P (mg/kg)	K (mg/kg)	Salt (mg/kg)	TFS (%)
09/05/2023	1,015.30 *ton*	As-is		73.5	3,000.00	500.00	4,600.00		5.90

	Yield (tons/acre)	Total N (lbs/acre)	Total P (lbs/acre)	Total K (lbs/acre)	Salt (lbs/acre)
Anticipated harvest content	30.00	240.00	45.00	198.00	0.00
Total actual harvest content	36.26	217.56	36.26	333.60	1,133.87

Field 12

Field name: Field 12

11/04/2022: Wheat, silage, boot stage

Crop: Wheat, silage, boot stage Acres planted: 24 Plant date: 11/04/2022

Harvest date	Yield	Reporting basis	Density (lbs/cu ft)	Moisture (%)	N (mg/kg)	P (mg/kg)	K (mg/kg)	Salt (mg/kg)	TFS (%)
05/05/2023	437.40 *ton*	As-is		69.3	4,500.00	800.00	6,000.00		10.60

	Yield (tons/acre)	Total N (lbs/acre)	Total P (lbs/acre)	Total K (lbs/acre)	Salt (lbs/acre)
Anticipated harvest content	18.00	198.00	30.60	149.40	0.00
Total actual harvest content	18.23	164.03	29.16	218.70	1,186.16

Annual Report - General Order No. R5-2007-0035
Reporting period 01/01/2023 to 12/31/2023.

Field 12

06/16/2023: Corn, silage

Crop: Corn, silage Acres planted: 24 Plant date: 06/16/2023

Harvest date	Yield	Reporting basis	Density (lbs/cu ft)	Moisture (%)	N (mg/kg)	P (mg/kg)	K (mg/kg)	Salt (mg/kg)	TFS (%)
10/10/2023	322.60 *ton*	As-is		63.6	4,700.00	900.00	4,100.00		6.10

	Yield (tons/acre)	Total N (lbs/acre)	Total P (lbs/acre)	Total K (lbs/acre)	Salt (lbs/acre)
Anticipated harvest content	30.00	240.00	45.00	198.00	0.00
Total actual harvest content	13.44	126.35	24.20	110.22	596.92

Field 13

Field name: Field 13

10/31/2022: Wheat Hay

Crop: Wheat Hay Acres planted: 13 Plant date: 10/31/2022

Harvest date	Yield	Reporting basis	Density (lbs/cu ft)	Moisture (%)	N (mg/kg)	P (mg/kg)	K (mg/kg)	Salt (mg/kg)	TFS (%)
06/14/2023	54.00 *ton*	As-is		7.1	12,500.00	2,200.00	16,800.00		12.10

	Yield (tons/acre)	Total N (lbs/acre)	Total P (lbs/acre)	Total K (lbs/acre)	Salt (lbs/acre)
Anticipated harvest content	4.00	132.00	19.20	98.40	0.00
Total actual harvest content	4.15	103.85	18.28	139.57	933.86

07/14/2023: Corn, silage

Crop: Corn, silage Acres planted: 13 Plant date: 07/14/2023

Harvest date	Yield	Reporting basis	Density (lbs/cu ft)	Moisture (%)	N (mg/kg)	P (mg/kg)	K (mg/kg)	Salt (mg/kg)	TFS (%)
10/24/2023	118.00 *ton*	As-is		56.9	4,800.00	1,200.00	4,800.00		5.10

	Yield (tons/acre)	Total N (lbs/acre)	Total P (lbs/acre)	Total K (lbs/acre)	Salt (lbs/acre)
Anticipated harvest content	30.00	240.00	45.00	198.00	0.00
Total actual harvest content	9.08	87.14	21.78	87.14	399.04

Annual Report - General Order No. R5-2007-0035
Reporting period 01/01/2023 to 12/31/2023.

Field 14

Field name: Field 14

11/04/2022: Wheat Hay

Crop: Wheat Hay Acres planted: 17 Plant date: 11/04/2022

Harvest date	Yield	Reporting basis	Density (lbs/cu ft)	Moisture (%)	N (mg/kg)	P (mg/kg)	K (mg/kg)	Salt (mg/kg)	TFS (%)
06/14/2023	69.70 *ton*	As-is		8.0	13,300.00	2,500.00	20,500.00		12.00

	Yield (tons/acre)	Total N (lbs/acre)	Total P (lbs/acre)	Total K (lbs/acre)	Salt (lbs/acre)
Anticipated harvest content	4.00	132.00	19.20	98.40	0.00
Total actual harvest content	4.10	109.06	20.50	168.10	905.28

07/19/2023: Corn, silage

Crop: Corn, silage Acres planted: 17 Plant date: 07/19/2023

Harvest date	Yield	Reporting basis	Density (lbs/cu ft)	Moisture (%)	N (mg/kg)	P (mg/kg)	K (mg/kg)	Salt (mg/kg)	TFS (%)
10/24/2023	91.00 *ton*	As-is		57.1	4,800.00	1,100.00	5,600.00		5.10

	Yield (tons/acre)	Total N (lbs/acre)	Total P (lbs/acre)	Total K (lbs/acre)	Salt (lbs/acre)
Anticipated harvest content	30.00	240.00	45.00	198.00	0.00
Total actual harvest content	5.35	51.39	11.78	59.95	234.23

Field 15

Field name: Field 15

11/02/2022: Wheat, silage, soft dough

Crop: Wheat, silage, soft dough Acres planted: 12 Plant date: 11/02/2022

Harvest date	Yield	Reporting basis	Density (lbs/cu ft)	Moisture (%)	N (mg/kg)	P (mg/kg)	K (mg/kg)	Salt (mg/kg)	TFS (%)
05/05/2023	200.50 *ton*	As-is		66.1	2,300.00	600.00	3,700.00		7.50

	Yield (tons/acre)	Total N (lbs/acre)	Total P (lbs/acre)	Total K (lbs/acre)	Salt (lbs/acre)
Anticipated harvest content	18.00	198.00	30.60	149.40	0.00
Total actual harvest content	16.71	76.86	20.05	123.64	849.62

Annual Report - General Order No. R5-2007-0035
Reporting period 01/01/2023 to 12/31/2023.

Field 15

06/12/2023: Corn, silage

Crop: Corn, silage Acres planted: 12 Plant date: 06/12/2023

Harvest date	Yield	Reporting basis	Density (lbs/cu ft)	Moisture (%)	N (mg/kg)	P (mg/kg)	K (mg/kg)	Salt (mg/kg)	TFS (%)
09/16/2023	361.00 *ton*	As-is		75.6	3,600.00	600.00	3,400.00		6.90

	Yield (tons/acre)	Total N (lbs/acre)	Total P (lbs/acre)	Total K (lbs/acre)	Salt (lbs/acre)
Anticipated harvest content	30.00	240.00	45.00	198.00	0.00
Total actual harvest content	30.08	216.60	36.10	204.57	1,012.97

Field 16

Field name: Field 16

11/03/2022: Wheat, silage, soft dough

Crop: Wheat, silage, soft dough Acres planted: 18 Plant date: 11/03/2022

Harvest date	Yield	Reporting basis	Density (lbs/cu ft)	Moisture (%)	N (mg/kg)	P (mg/kg)	K (mg/kg)	Salt (mg/kg)	TFS (%)
05/09/2023	297.50 *ton*	As-is		63.5	4,100.00	700.00	4,500.00		7.40

	Yield (tons/acre)	Total N (lbs/acre)	Total P (lbs/acre)	Total K (lbs/acre)	Salt (lbs/acre)
Anticipated harvest content	18.00	198.00	30.60	149.40	0.00
Total actual harvest content	16.53	135.53	23.14	148.75	892.83

06/12/2023: Corn, silage

Crop: Corn, silage Acres planted: 18 Plant date: 06/12/2023

Harvest date	Yield	Reporting basis	Density (lbs/cu ft)	Moisture (%)	N (mg/kg)	P (mg/kg)	K (mg/kg)	Salt (mg/kg)	TFS (%)
09/16/2023	431.30 *ton*	As-is		65.9	4,000.00	900.00	4,400.00		6.70

	Yield (tons/acre)	Total N (lbs/acre)	Total P (lbs/acre)	Total K (lbs/acre)	Salt (lbs/acre)
Anticipated harvest content	30.00	240.00	45.00	198.00	0.00
Total actual harvest content	23.96	191.69	43.13	210.86	1,094.88

Annual Report - General Order No. R5-2007-0035
Reporting period 01/01/2023 to 12/31/2023.

Field 17

Field name: Field 17

11/03/2022: Wheat, silage, soft dough

Crop: Wheat, silage, soft dough Acres planted: 13 Plant date: 11/03/2022

Harvest date	Yield	Reporting basis	Density (lbs/cu ft)	Moisture (%)	N (mg/kg)	P (mg/kg)	K (mg/kg)	Salt (mg/kg)	TFS (%)
05/09/2023	222.50 *ton*	As-is		63.6	4,500.00	800.00	6,100.00		8.80

	Yield (tons/acre)	Total N (lbs/acre)	Total P (lbs/acre)	Total K (lbs/acre)	Salt (lbs/acre)
Anticipated harvest content	18.00	198.00	30.60	149.40	0.00
Total actual harvest content	17.12	154.04	27.38	208.81	1,096.48

06/12/2023: Corn, silage

Crop: Corn, silage Acres planted: 13 Plant date: 06/12/2023

Harvest date	Yield	Reporting basis	Density (lbs/cu ft)	Moisture (%)	N (mg/kg)	P (mg/kg)	K (mg/kg)	Salt (mg/kg)	TFS (%)
09/16/2023	360.70 *ton*	As-is		73.7	3,600.00	600.00	4,000.00		7.50

	Yield (tons/acre)	Total N (lbs/acre)	Total P (lbs/acre)	Total K (lbs/acre)	Salt (lbs/acre)
Anticipated harvest content	30.00	240.00	45.00	198.00	0.00
Total actual harvest content	27.75	199.77	33.30	221.97	1,094.59

Field 18

Field name: Field 18

11/03/2022: Wheat, silage, soft dough

Crop: Wheat, silage, soft dough Acres planted: 21 Plant date: 11/03/2022

Harvest date	Yield	Reporting basis	Density (lbs/cu ft)	Moisture (%)	N (mg/kg)	P (mg/kg)	K (mg/kg)	Salt (mg/kg)	TFS (%)
05/09/2023	391.50 *ton*	As-is		60.5	4,900.00	1,100.00	7,600.00		9.60

	Yield (tons/acre)	Total N (lbs/acre)	Total P (lbs/acre)	Total K (lbs/acre)	Salt (lbs/acre)
Anticipated harvest content	18.00	198.00	30.60	149.40	0.00
Total actual harvest content	18.64	182.70	41.01	283.37	1,413.87

Annual Report - General Order No. R5-2007-0035
Reporting period 01/01/2023 to 12/31/2023.

Field 18

06/09/2023: Corn, silage

Crop: Corn, silage Acres planted: 21 Plant date: 06/09/2023

Harvest date	Yield	Reporting basis	Density (lbs/cu ft)	Moisture (%)	N (mg/kg)	P (mg/kg)	K (mg/kg)	Salt (mg/kg)	TFS (%)
09/15/2023	501.40 *ton*	As-is		65.1	4,200.00	800.00	2,900.00		6.30

	Yield (tons/acre)	Total N (lbs/acre)	Total P (lbs/acre)	Total K (lbs/acre)	Salt (lbs/acre)
Anticipated harvest content	30.00	240.00	45.00	198.00	0.00
Total actual harvest content	23.88	200.56	38.20	138.48	1,049.93

Field 19

Field name: Field 19

11/03/2022: Wheat, silage, soft dough

Crop: Wheat, silage, soft dough Acres planted: 48 Plant date: 11/03/2022

Harvest date	Yield	Reporting basis	Density (lbs/cu ft)	Moisture (%)	N (mg/kg)	P (mg/kg)	K (mg/kg)	Salt (mg/kg)	TFS (%)
05/08/2023	751.40 *ton*	As-is		58.4	4,700.00	900.00	6,100.00		6.70

	Yield (tons/acre)	Total N (lbs/acre)	Total P (lbs/acre)	Total K (lbs/acre)	Salt (lbs/acre)
Anticipated harvest content	18.00	198.00	30.60	149.40	0.00
Total actual harvest content	15.65	147.15	28.18	190.98	872.63

07/07/2023: Corn, silage

Crop: Corn, silage Acres planted: 48 Plant date: 07/07/2023

Harvest date	Yield	Reporting basis	Density (lbs/cu ft)	Moisture (%)	N (mg/kg)	P (mg/kg)	K (mg/kg)	Salt (mg/kg)	TFS (%)
10/23/2023	700.70 *ton*	As-is		60.5	4,100.00	1,200.00	3,800.00		5.60

	Yield (tons/acre)	Total N (lbs/acre)	Total P (lbs/acre)	Total K (lbs/acre)	Salt (lbs/acre)
Anticipated harvest content	30.00	240.00	45.00	198.00	0.00
Total actual harvest content	14.60	119.70	35.04	110.94	645.81

Annual Report - General Order No. R5-2007-0035
Reporting period 01/01/2023 to 12/31/2023.

Field 2

Field name: Field 2

11/01/2022: Wheat, silage, soft dough

Crop: Wheat, silage, soft dough Acres planted: 6 Plant date: 11/01/2022

Harvest date	Yield	Reporting basis	Density (lbs/cu ft)	Moisture (%)	N (mg/kg)	P (mg/kg)	K (mg/kg)	Salt (mg/kg)	TFS (%)
05/09/2023	80.20 *ton*	As-is		60.3	3,400.00	500.00	3,800.00		10.40

	Yield (tons/acre)	Total N (lbs/acre)	Total P (lbs/acre)	Total K (lbs/acre)	Salt (lbs/acre)
Anticipated harvest content	18.00	198.00	30.60	149.40	0.00
Total actual harvest content	13.37	90.89	13.37	101.59	1,103.77

07/05/2023: Corn, silage

Crop: Corn, silage Acres planted: 6 Plant date: 07/05/2023

Harvest date	Yield	Reporting basis	Density (lbs/cu ft)	Moisture (%)	N (mg/kg)	P (mg/kg)	K (mg/kg)	Salt (mg/kg)	TFS (%)
10/10/2023	109.10 *ton*	As-is		67.9	4,100.00	800.00	4,300.00		6.00

	Yield (tons/acre)	Total N (lbs/acre)	Total P (lbs/acre)	Total K (lbs/acre)	Salt (lbs/acre)
Anticipated harvest content	30.00	240.00	45.00	198.00	0.00
Total actual harvest content	18.18	149.10	29.09	156.38	700.42

Field 20

Field name: Field 20

11/03/2022: Wheat, silage, soft dough

Crop: Wheat, silage, soft dough Acres planted: 18 Plant date: 11/03/2022

Harvest date	Yield	Reporting basis	Density (lbs/cu ft)	Moisture (%)	N (mg/kg)	P (mg/kg)	K (mg/kg)	Salt (mg/kg)	TFS (%)
05/05/2023	381.40 *ton*	As-is		68.3	3,600.00	800.00	5,600.00		8.60

	Yield (tons/acre)	Total N (lbs/acre)	Total P (lbs/acre)	Total K (lbs/acre)	Salt (lbs/acre)
Anticipated harvest content	18.00	198.00	30.60	149.40	0.00
Total actual harvest content	21.19	152.56	33.90	237.32	1,155.30

Annual Report - General Order No. R5-2007-0035
Reporting period 01/01/2023 to 12/31/2023.

Field 20

07/09/2023: Corn, silage

Crop: Corn, silage Acres planted: 18 Plant date: 07/09/2023

Harvest date	Yield	Reporting basis	Density (lbs/cu ft)	Moisture (%)	N (mg/kg)	P (mg/kg)	K (mg/kg)	Salt (mg/kg)	TFS (%)
10/24/2023	196.00 *ton*	As-is		60.7	4,800.00	1,100.00	4,300.00		5.30

	Yield (tons/acre)	Total N (lbs/acre)	Total P (lbs/acre)	Total K (lbs/acre)	Salt (lbs/acre)
Anticipated harvest content	30.00	240.00	45.00	198.00	0.00
Total actual harvest content	10.89	104.53	23.96	93.64	453.61

Field 21

Field name: Field 21

11/02/2022: Wheat, silage, soft dough

Crop: Wheat, silage, soft dough Acres planted: 8 Plant date: 11/02/2022

Harvest date	Yield	Reporting basis	Density (lbs/cu ft)	Moisture (%)	N (mg/kg)	P (mg/kg)	K (mg/kg)	Salt (mg/kg)	TFS (%)
05/08/2023	175.10 *ton*	As-is		65.1	4,500.00	800.00	6,400.00		7.40

	Yield (tons/acre)	Total N (lbs/acre)	Total P (lbs/acre)	Total K (lbs/acre)	Salt (lbs/acre)
Anticipated harvest content	18.00	198.00	30.60	149.40	0.00
Total actual harvest content	21.89	196.99	35.02	280.16	1,130.53

07/09/2023: Corn, silage

Crop: Corn, silage Acres planted: 8 Plant date: 07/09/2023

Harvest date	Yield	Reporting basis	Density (lbs/cu ft)	Moisture (%)	N (mg/kg)	P (mg/kg)	K (mg/kg)	Salt (mg/kg)	TFS (%)
10/23/2023	113.60 *ton*	As-is		57.2	4,800.00	900.00	4,500.00		4.20

	Yield (tons/acre)	Total N (lbs/acre)	Total P (lbs/acre)	Total K (lbs/acre)	Salt (lbs/acre)
Anticipated harvest content	30.00	240.00	45.00	198.00	0.00
Total actual harvest content	14.20	136.32	25.56	127.80	510.52

Annual Report - General Order No. R5-2007-0035
Reporting period 01/01/2023 to 12/31/2023.

Field 22

Field name: Field 22

11/02/2022: Wheat, silage, soft dough

Crop: Wheat, silage, soft dough Acres planted: 20 Plant date: 11/02/2022

Harvest date	Yield	Reporting basis	Density (lbs/cu ft)	Moisture (%)	N (mg/kg)	P (mg/kg)	K (mg/kg)	Salt (mg/kg)	TFS (%)
05/09/2023	377.60 *ton*	As-is		63.6	4,400.00	700.00	5,100.00		7.30

	Yield (tons/acre)	Total N (lbs/acre)	Total P (lbs/acre)	Total K (lbs/acre)	Salt (lbs/acre)
Anticipated harvest content	18.00	198.00	30.60	149.40	0.00
Total actual harvest content	18.88	166.14	26.43	192.58	1,003.36

07/08/2023: Corn, silage

Crop: Corn, silage Acres planted: 20 Plant date: 07/08/2023

Harvest date	Yield	Reporting basis	Density (lbs/cu ft)	Moisture (%)	N (mg/kg)	P (mg/kg)	K (mg/kg)	Salt (mg/kg)	TFS (%)
10/23/2023	286.10 *ton*	As-is		61.5	4,300.00	900.00	4,000.00		5.10

	Yield (tons/acre)	Total N (lbs/acre)	Total P (lbs/acre)	Total K (lbs/acre)	Salt (lbs/acre)
Anticipated harvest content	30.00	240.00	45.00	198.00	0.00
Total actual harvest content	14.31	123.02	25.75	114.44	561.76

Field 23

Field name: Field 23

11/04/2022: Wheat Hay

Crop: Wheat Hay Acres planted: 16 Plant date: 11/04/2022

Harvest date	Yield	Reporting basis	Density (lbs/cu ft)	Moisture (%)	N (mg/kg)	P (mg/kg)	K (mg/kg)	Salt (mg/kg)	TFS (%)
06/14/2023	67.20 *ton*	As-is		6.7	11,400.00	2,000.00	15,200.00		10.10

	Yield (tons/acre)	Total N (lbs/acre)	Total P (lbs/acre)	Total K (lbs/acre)	Salt (lbs/acre)
Anticipated harvest content	4.00	132.00	19.20	98.40	0.00
Total actual harvest content	4.20	95.76	16.80	127.68	791.56

Annual Report - General Order No. R5-2007-0035
Reporting period 01/01/2023 to 12/31/2023.

Field 23

07/17/2023: Corn, silage

Crop: Corn, silage Acres planted: 16 Plant date: 07/17/2023

Harvest date	Yield	Reporting basis	Density (lbs/cu ft)	Moisture (%)	N (mg/kg)	P (mg/kg)	K (mg/kg)	Salt (mg/kg)	TFS (%)
10/24/2023	171.30 *ton*	As-is		58.1	4,500.00	1,000.00	4,500.00		5.50

	Yield (tons/acre)	Total N (lbs/acre)	Total P (lbs/acre)	Total K (lbs/acre)	Salt (lbs/acre)
Anticipated harvest content	30.00	240.00	45.00	198.00	0.00
Total actual harvest content	10.71	96.36	21.41	96.36	493.45

Field 24

Field name: Field 24

11/03/2022: Wheat, silage, soft dough

Crop: Wheat, silage, soft dough Acres planted: 14 Plant date: 11/03/2022

Harvest date	Yield	Reporting basis	Density (lbs/cu ft)	Moisture (%)	N (mg/kg)	P (mg/kg)	K (mg/kg)	Salt (mg/kg)	TFS (%)
05/05/2023	216.80 *ton*	As-is		74.7	5,400.00	800.00	7,000.00		10.40

	Yield (tons/acre)	Total N (lbs/acre)	Total P (lbs/acre)	Total K (lbs/acre)	Salt (lbs/acre)
Anticipated harvest content	18.00	198.00	30.60	149.40	0.00
Total actual harvest content	15.49	167.25	24.78	216.80	814.92

07/25/2023: Corn, silage

Crop: Corn, silage Acres planted: 14 Plant date: 07/25/2023

Harvest date	Yield	Reporting basis	Density (lbs/cu ft)	Moisture (%)	N (mg/kg)	P (mg/kg)	K (mg/kg)	Salt (mg/kg)	TFS (%)
10/24/2023	215.40 *ton*	As-is		74.3	3,500.00	600.00	2,800.00		5.10

	Yield (tons/acre)	Total N (lbs/acre)	Total P (lbs/acre)	Total K (lbs/acre)	Salt (lbs/acre)
Anticipated harvest content	30.00	240.00	45.00	198.00	0.00
Total actual harvest content	15.39	107.70	18.46	86.16	403.32

Annual Report - General Order No. R5-2007-0035
Reporting period 01/01/2023 to 12/31/2023.

Field 25

Field name: Field 25

11/04/2022: Wheat, silage, soft dough

Crop: Wheat, silage, soft dough Acres planted: 17 Plant date: 11/04/2022

Harvest date	Yield	Reporting basis	Density (lbs/cu ft)	Moisture (%)	N (mg/kg)	P (mg/kg)	K (mg/kg)	Salt (mg/kg)	TFS (%)
05/10/2023	309.80 *ton*	As-is		61.2	6,400.00	1,000.00	7,300.00		10.10

	Yield (tons/acre)	Total N (lbs/acre)	Total P (lbs/acre)	Total K (lbs/acre)	Salt (lbs/acre)
Anticipated harvest content	18.00	198.00	30.60	149.40	0.00
Total actual harvest content	18.22	233.26	36.45	266.06	1,428.29

07/30/2023: Corn, silage

Crop: Corn, silage Acres planted: 17 Plant date: 07/30/2023

Harvest date	Yield	Reporting basis	Density (lbs/cu ft)	Moisture (%)	N (mg/kg)	P (mg/kg)	K (mg/kg)	Salt (mg/kg)	TFS (%)
10/24/2023	252.30 *ton*	As-is		76.2	3,800.00	600.00	3,500.00		5.70

	Yield (tons/acre)	Total N (lbs/acre)	Total P (lbs/acre)	Total K (lbs/acre)	Salt (lbs/acre)
Anticipated harvest content	30.00	240.00	45.00	198.00	0.00
Total actual harvest content	14.84	112.79	17.81	103.89	402.67

Field 26

Field name: Field 26

11/04/2022: Wheat, silage, soft dough

Crop: Wheat, silage, soft dough Acres planted: 10 Plant date: 11/04/2022

Harvest date	Yield	Reporting basis	Density (lbs/cu ft)	Moisture (%)	N (mg/kg)	P (mg/kg)	K (mg/kg)	Salt (mg/kg)	TFS (%)
05/08/2023	89.20 *ton*	As-is		63.7	6,400.00	1,000.00	8,300.00		8.60

	Yield (tons/acre)	Total N (lbs/acre)	Total P (lbs/acre)	Total K (lbs/acre)	Salt (lbs/acre)
Anticipated harvest content	18.00	198.00	30.60	149.40	0.00
Total actual harvest content	8.92	114.18	17.84	148.07	556.93

Annual Report - General Order No. R5-2007-0035
Reporting period 01/01/2023 to 12/31/2023.

Field 27

Field name: Field 27

11/03/2022: Wheat, silage, soft dough

Crop: Wheat, silage, soft dough Acres planted: 6 Plant date: 11/03/2022

Harvest date	Yield	Reporting basis	Density (lbs/cu ft)	Moisture (%)	N (mg/kg)	P (mg/kg)	K (mg/kg)	Salt (mg/kg)	TFS (%)
05/05/2023	123.00 *ton*	As-is		75.3	3,400.00	700.00	4,800.00		9.00

	Yield (tons/acre)	Total N (lbs/acre)	Total P (lbs/acre)	Total K (lbs/acre)	Salt (lbs/acre)
Anticipated harvest content	18.00	198.00	30.60	149.40	0.00
Total actual harvest content	20.50	139.40	28.70	196.80	911.43

06/24/2023: Corn, silage

Crop: Corn, silage Acres planted: 6 Plant date: 06/24/2023

Harvest date	Yield	Reporting basis	Density (lbs/cu ft)	Moisture (%)	N (mg/kg)	P (mg/kg)	K (mg/kg)	Salt (mg/kg)	TFS (%)
09/29/2023	131.20 *ton*	As-is		63.7	4,500.00	800.00	6,000.00		6.40

	Yield (tons/acre)	Total N (lbs/acre)	Total P (lbs/acre)	Total K (lbs/acre)	Salt (lbs/acre)
Anticipated harvest content	30.00	240.00	45.00	198.00	0.00
Total actual harvest content	21.87	196.80	34.99	262.40	1,016.01

Field 28

Field name: Field 28

11/05/2022: Wheat, silage, soft dough

Crop: Wheat, silage, soft dough Acres planted: 35 Plant date: 11/05/2022

Harvest date	Yield	Reporting basis	Density (lbs/cu ft)	Moisture (%)	N (mg/kg)	P (mg/kg)	K (mg/kg)	Salt (mg/kg)	TFS (%)
05/04/2023	429.70 *ton*	As-is		78.2	4,200.00	800.00	5,600.00		9.10

	Yield (tons/acre)	Total N (lbs/acre)	Total P (lbs/acre)	Total K (lbs/acre)	Salt (lbs/acre)
Anticipated harvest content	18.00	198.00	30.60	149.40	0.00
Total actual harvest content	12.28	103.13	19.64	137.50	487.11

Annual Report - General Order No. R5-2007-0035
Reporting period 01/01/2023 to 12/31/2023.

Field 28

06/28/2023: Corn, silage

Crop: Corn, silage Acres planted: 35 Plant date: 06/28/2023

Harvest date	Yield	Reporting basis	Density (lbs/cu ft)	Moisture (%)	N (mg/kg)	P (mg/kg)	K (mg/kg)	Salt (mg/kg)	TFS (%)
09/29/2023	704.10 *ton*	As-is		66.9	4,200.00	700.00	4,700.00		5.00

	Yield (tons/acre)	Total N (lbs/acre)	Total P (lbs/acre)	Total K (lbs/acre)	Salt (lbs/acre)
Anticipated harvest content	30.00	240.00	45.00	198.00	0.00
Total actual harvest content	20.12	168.98	28.16	189.10	665.88

Field 29

Field name: Field 29

11/04/2022: Wheat, silage, soft dough

Crop: Wheat, silage, soft dough Acres planted: 31 Plant date: 11/04/2022

Harvest date	Yield	Reporting basis	Density (lbs/cu ft)	Moisture (%)	N (mg/kg)	P (mg/kg)	K (mg/kg)	Salt (mg/kg)	TFS (%)
05/04/2023	466.30 *ton*	As-is		70.2	3,800.00	800.00	4,900.00		7.50

	Yield (tons/acre)	Total N (lbs/acre)	Total P (lbs/acre)	Total K (lbs/acre)	Salt (lbs/acre)
Anticipated harvest content	18.00	198.00	30.60	149.40	0.00
Total actual harvest content	15.04	114.32	24.07	147.41	672.37

06/01/2023: Corn, silage

Crop: Corn, silage Acres planted: 31 Plant date: 06/01/2023

Harvest date	Yield	Reporting basis	Density (lbs/cu ft)	Moisture (%)	N (mg/kg)	P (mg/kg)	K (mg/kg)	Salt (mg/kg)	TFS (%)
09/05/2023	1,074.70 *ton*	As-is		73.8	3,000.00	600.00	3,400.00		4.50

	Yield (tons/acre)	Total N (lbs/acre)	Total P (lbs/acre)	Total K (lbs/acre)	Salt (lbs/acre)
Anticipated harvest content	30.00	240.00	45.00	198.00	0.00
Total actual harvest content	34.67	208.01	41.60	235.74	817.47

Annual Report - General Order No. R5-2007-0035
Reporting period 01/01/2023 to 12/31/2023.

Field 3

Field name: Field 3

11/05/2022: Wheat Hay

Crop: Wheat Hay Acres planted: 34 Plant date: 11/05/2022

Harvest date	Yield	Reporting basis	Density (lbs/cu ft)	Moisture (%)	N (mg/kg)	P (mg/kg)	K (mg/kg)	Salt (mg/kg)	TFS (%)
06/15/2023	142.80 *ton*	As-is		6.7	8,400.00	1,600.00	10,100.00		10.20

	Yield (tons/acre)	Total N (lbs/acre)	Total P (lbs/acre)	Total K (lbs/acre)	Salt (lbs/acre)
Anticipated harvest content	4.00	132.00	19.20	98.40	0.00
Total actual harvest content	4.20	70.56	13.44	84.84	799.39

07/05/2023: Corn, silage

Crop: Corn, silage Acres planted: 34 Plant date: 07/05/2023

Harvest date	Yield	Reporting basis	Density (lbs/cu ft)	Moisture (%)	N (mg/kg)	P (mg/kg)	K (mg/kg)	Salt (mg/kg)	TFS (%)
10/10/2023	470.30 *ton*	As-is		66.6	4,600.00	900.00	3,800.00		5.60

	Yield (tons/acre)	Total N (lbs/acre)	Total P (lbs/acre)	Total K (lbs/acre)	Salt (lbs/acre)
Anticipated harvest content	30.00	240.00	45.00	198.00	0.00
Total actual harvest content	13.83	127.26	24.90	105.13	517.44

Field 30

Field name: Field 30

11/03/2022: Wheat, silage, soft dough

Crop: Wheat, silage, soft dough Acres planted: 11 Plant date: 11/03/2022

Harvest date	Yield	Reporting basis	Density (lbs/cu ft)	Moisture (%)	N (mg/kg)	P (mg/kg)	K (mg/kg)	Salt (mg/kg)	TFS (%)
05/05/2023	115.20 *ton*	As-is		67.3	3,300.00	700.00	5,500.00		10.00

	Yield (tons/acre)	Total N (lbs/acre)	Total P (lbs/acre)	Total K (lbs/acre)	Salt (lbs/acre)
Anticipated harvest content	18.00	198.00	30.60	149.40	0.00
Total actual harvest content	10.47	69.12	14.66	115.20	684.92

Annual Report - General Order No. R5-2007-0035
Reporting period 01/01/2023 to 12/31/2023.

Field 30

06/29/2023: Corn, silage

Crop: Corn, silage Acres planted: 11 Plant date: 06/29/2023

Harvest date	Yield	Reporting basis	Density (lbs/cu ft)	Moisture (%)	N (mg/kg)	P (mg/kg)	K (mg/kg)	Salt (mg/kg)	TFS (%)
10/10/2023	171.10 *ton*	As-is		66.6	3,400.00	800.00	4,600.00		6.00

	Yield (tons/acre)	Total N (lbs/acre)	Total P (lbs/acre)	Total K (lbs/acre)	Salt (lbs/acre)
Anticipated harvest content	30.00	240.00	45.00	198.00	0.00
Total actual harvest content	15.55	105.77	24.89	143.10	623.43

Field 31

Field name: Field 31

11/03/2022: Wheat, silage, soft dough

Crop: Wheat, silage, soft dough Acres planted: 12 Plant date: 11/03/2022

Harvest date	Yield	Reporting basis	Density (lbs/cu ft)	Moisture (%)	N (mg/kg)	P (mg/kg)	K (mg/kg)	Salt (mg/kg)	TFS (%)
05/05/2023	183.50 *ton*	As-is		71.8	3,100.00	900.00	6,000.00		10.40

	Yield (tons/acre)	Total N (lbs/acre)	Total P (lbs/acre)	Total K (lbs/acre)	Salt (lbs/acre)
Anticipated harvest content	18.00	198.00	30.60	149.40	0.00
Total actual harvest content	15.29	94.81	27.53	183.50	896.95

06/07/2023: Corn, silage

Crop: Corn, silage Acres planted: 12 Plant date: 06/07/2023

Harvest date	Yield	Reporting basis	Density (lbs/cu ft)	Moisture (%)	N (mg/kg)	P (mg/kg)	K (mg/kg)	Salt (mg/kg)	TFS (%)
09/29/2023	215.60 *ton*	As-is		64.0	3,900.00	700.00	5,800.00		5.70

	Yield (tons/acre)	Total N (lbs/acre)	Total P (lbs/acre)	Total K (lbs/acre)	Salt (lbs/acre)
Anticipated harvest content	30.00	240.00	45.00	198.00	0.00
Total actual harvest content	17.97	140.14	25.15	208.41	737.35

Annual Report - General Order No. R5-2007-0035
Reporting period 01/01/2023 to 12/31/2023.

Field 32

Field name: Field 32

11/04/2022: Wheat, silage, soft dough

Crop: Wheat, silage, soft dough Acres planted: 7 Plant date: 11/04/2022

Harvest date	Yield	Reporting basis	Density (lbs/cu ft)	Moisture (%)	N (mg/kg)	P (mg/kg)	K (mg/kg)	Salt (mg/kg)	TFS (%)
05/08/2023	120.10 *ton*	As-is		63.8	5,200.00	900.00	6,600.00		8.50

	Yield (tons/acre)	Total N (lbs/acre)	Total P (lbs/acre)	Total K (lbs/acre)	Salt (lbs/acre)
Anticipated harvest content	18.00	198.00	30.60	149.40	0.00
Total actual harvest content	17.16	178.43	30.88	226.47	1,055.85

06/29/2023: Corn, silage

Crop: Corn, silage Acres planted: 7 Plant date: 06/29/2023

Harvest date	Yield	Reporting basis	Density (lbs/cu ft)	Moisture (%)	N (mg/kg)	P (mg/kg)	K (mg/kg)	Salt (mg/kg)	TFS (%)
10/10/2023	91.90 *ton*	As-is		67.2	3,800.00	800.00	4,500.00		6.40

	Yield (tons/acre)	Total N (lbs/acre)	Total P (lbs/acre)	Total K (lbs/acre)	Salt (lbs/acre)
Anticipated harvest content	30.00	240.00	45.00	198.00	0.00
Total actual harvest content	13.13	99.78	21.01	118.16	551.19

Field 33

Field name: Field 33

11/03/2022: Wheat, silage, soft dough

Crop: Wheat, silage, soft dough Acres planted: 17 Plant date: 11/03/2022

Harvest date	Yield	Reporting basis	Density (lbs/cu ft)	Moisture (%)	N (mg/kg)	P (mg/kg)	K (mg/kg)	Salt (mg/kg)	TFS (%)
05/05/2023	429.30 *ton*	As-is		80.2	3,600.00	700.00	4,200.00		8.70

	Yield (tons/acre)	Total N (lbs/acre)	Total P (lbs/acre)	Total K (lbs/acre)	Salt (lbs/acre)
Anticipated harvest content	18.00	198.00	30.60	149.40	0.00
Total actual harvest content	25.25	181.82	35.35	212.12	870.01

Annual Report - General Order No. R5-2007-0035
Reporting period 01/01/2023 to 12/31/2023.

Field 33

06/01/2023: Corn, silage

Crop: Corn, silage Acres planted: 17 Plant date: 06/01/2023

Harvest date	Yield	Reporting basis	Density (lbs/cu ft)	Moisture (%)	N (mg/kg)	P (mg/kg)	K (mg/kg)	Salt (mg/kg)	TFS (%)
09/06/2023	556.80 *ton*	As-is		70.4	2,700.00	900.00	4,800.00		5.90

	Yield (tons/acre)	Total N (lbs/acre)	Total P (lbs/acre)	Total K (lbs/acre)	Salt (lbs/acre)
Anticipated harvest content	30.00	240.00	45.00	198.00	0.00
Total actual harvest content	32.75	176.87	58.96	314.43	1,143.99

Field 34

Field name: Field 34

11/05/2022: Wheat, silage, soft dough

Crop: Wheat, silage, soft dough Acres planted: 41 Plant date: 11/05/2022

Harvest date	Yield	Reporting basis	Density (lbs/cu ft)	Moisture (%)	N (mg/kg)	P (mg/kg)	K (mg/kg)	Salt (mg/kg)	TFS (%)
05/08/2023	611.60 *ton*	As-is		66.9	4,500.00	900.00	6,800.00		10.20

	Yield (tons/acre)	Total N (lbs/acre)	Total P (lbs/acre)	Total K (lbs/acre)	Salt (lbs/acre)
Anticipated harvest content	18.00	198.00	30.60	149.40	0.00
Total actual harvest content	14.92	134.25	26.85	202.87	1,007.26

06/12/2023: Corn, silage

Crop: Corn, silage Acres planted: 41 Plant date: 06/12/2023

Harvest date	Yield	Reporting basis	Density (lbs/cu ft)	Moisture (%)	N (mg/kg)	P (mg/kg)	K (mg/kg)	Salt (mg/kg)	TFS (%)
10/11/2023	637.40 *ton*	As-is		64.1	4,000.00	900.00	4,400.00		5.00

	Yield (tons/acre)	Total N (lbs/acre)	Total P (lbs/acre)	Total K (lbs/acre)	Salt (lbs/acre)
Anticipated harvest content	30.00	240.00	45.00	198.00	0.00
Total actual harvest content	15.55	124.37	27.98	136.81	558.11

Annual Report - General Order No. R5-2007-0035
Reporting period 01/01/2023 to 12/31/2023.

Field 35

Field name: Field 35

11/05/2022: Wheat, silage, soft dough

Crop: Wheat, silage, soft dough Acres planted: 18 Plant date: 11/05/2022

Harvest date	Yield	Reporting basis	Density (lbs/cu ft)	Moisture (%)	N (mg/kg)	P (mg/kg)	K (mg/kg)	Salt (mg/kg)	TFS (%)
05/08/2023	214.90 *ton*	As-is		62.3	3,900.00	800.00	5,900.00		9.30

	Yield (tons/acre)	Total N (lbs/acre)	Total P (lbs/acre)	Total K (lbs/acre)	Salt (lbs/acre)
Anticipated harvest content	18.00	198.00	30.60	149.40	0.00
Total actual harvest content	11.94	93.12	19.10	140.88	837.18

07/12/2023: Corn, silage

Crop: Corn, silage Acres planted: 18 Plant date: 07/12/2023

Harvest date	Yield	Reporting basis	Density (lbs/cu ft)	Moisture (%)	N (mg/kg)	P (mg/kg)	K (mg/kg)	Salt (mg/kg)	TFS (%)
10/23/2023	453.10 *ton*	As-is		65.5	4,400.00	800.00	4,300.00		5.20

	Yield (tons/acre)	Total N (lbs/acre)	Total P (lbs/acre)	Total K (lbs/acre)	Salt (lbs/acre)
Anticipated harvest content	30.00	240.00	45.00	198.00	0.00
Total actual harvest content	25.17	221.52	40.28	216.48	903.18

Field 36

Field name: Field 36

11/05/2022: Wheat, silage, soft dough

Crop: Wheat, silage, soft dough Acres planted: 17 Plant date: 11/05/2022

Harvest date	Yield	Reporting basis	Density (lbs/cu ft)	Moisture (%)	N (mg/kg)	P (mg/kg)	K (mg/kg)	Salt (mg/kg)	TFS (%)
05/08/2023	143.30 *ton*	As-is		58.0	6,000.00	1,300.00	8,100.00		7.60

	Yield (tons/acre)	Total N (lbs/acre)	Total P (lbs/acre)	Total K (lbs/acre)	Salt (lbs/acre)
Anticipated harvest content	18.00	198.00	30.60	149.40	0.00
Total actual harvest content	8.43	101.15	21.92	136.56	538.13

Annual Report - General Order No. R5-2007-0035
Reporting period 01/01/2023 to 12/31/2023.

Field 36

07/12/2023: Corn, silage

Crop: Corn, silage Acres planted: 17 Plant date: 07/12/2023

Harvest date	Yield	Reporting basis	Density (lbs/cu ft)	Moisture (%)	N (mg/kg)	P (mg/kg)	K (mg/kg)	Salt (mg/kg)	TFS (%)
10/23/2023	359.40 *ton*	As-is		66.8	3,700.00	600.00	3,600.00		4.80

	Yield (tons/acre)	Total N (lbs/acre)	Total P (lbs/acre)	Total K (lbs/acre)	Salt (lbs/acre)
Anticipated harvest content	30.00	240.00	45.00	198.00	0.00
Total actual harvest content	21.14	156.44	25.37	152.22	673.81

Field 37

Field name: Field 37

11/04/2022: Wheat, silage, soft dough

Crop: Wheat, silage, soft dough Acres planted: 17 Plant date: 11/04/2022

Harvest date	Yield	Reporting basis	Density (lbs/cu ft)	Moisture (%)	N (mg/kg)	P (mg/kg)	K (mg/kg)	Salt (mg/kg)	TFS (%)
05/05/2023	220.40 *ton*	As-is		62.7	3,800.00	800.00	4,200.00		7.90

	Yield (tons/acre)	Total N (lbs/acre)	Total P (lbs/acre)	Total K (lbs/acre)	Salt (lbs/acre)
Anticipated harvest content	18.00	198.00	30.60	149.40	0.00
Total actual harvest content	12.96	98.53	20.74	108.90	764.06

07/12/2023: Corn, silage

Crop: Corn, silage Acres planted: 17 Plant date: 07/12/2023

Harvest date	Yield	Reporting basis	Density (lbs/cu ft)	Moisture (%)	N (mg/kg)	P (mg/kg)	K (mg/kg)	Salt (mg/kg)	TFS (%)
10/24/2023	170.00 *ton*	As-is		62.5	4,100.00	1,000.00	3,600.00		5.80

	Yield (tons/acre)	Total N (lbs/acre)	Total P (lbs/acre)	Total K (lbs/acre)	Salt (lbs/acre)
Anticipated harvest content	30.00	240.00	45.00	198.00	0.00
Total actual harvest content	10.00	82.00	20.00	72.00	435.00

Annual Report - General Order No. R5-2007-0035
Reporting period 01/01/2023 to 12/31/2023.

Field 4

Field name: Field 4

11/01/2022: Wheat, silage, soft dough

Crop: Wheat, silage, soft dough Acres planted: 9 Plant date: 11/01/2022

Harvest date	Yield	Reporting basis	Density (lbs/cu ft)	Moisture (%)	N (mg/kg)	P (mg/kg)	K (mg/kg)	Salt (mg/kg)	TFS (%)
05/09/2023	212.70 *ton*	As-is		67.3	5,000.00	800.00	4,400.00		6.80

	Yield (tons/acre)	Total N (lbs/acre)	Total P (lbs/acre)	Total K (lbs/acre)	Salt (lbs/acre)
Anticipated harvest content	18.00	198.00	30.60	149.40	0.00
Total actual harvest content	23.63	236.33	37.81	207.97	1,051.02

07/01/2023: Corn, silage

Crop: Corn, silage Acres planted: 9 Plant date: 07/01/2023

Harvest date	Yield	Reporting basis	Density (lbs/cu ft)	Moisture (%)	N (mg/kg)	P (mg/kg)	K (mg/kg)	Salt (mg/kg)	TFS (%)
10/10/2023	208.70 *ton*	As-is		66.2	4,500.00	800.00	3,000.00		4.80

	Yield (tons/acre)	Total N (lbs/acre)	Total P (lbs/acre)	Total K (lbs/acre)	Salt (lbs/acre)
Anticipated harvest content	30.00	240.00	45.00	198.00	0.00
Total actual harvest content	23.19	208.70	37.10	139.13	752.43

Field 5

Field name: Field 5

11/01/2022: Wheat, silage, boot stage

Crop: Wheat, silage, boot stage Acres planted: 20 Plant date: 11/01/2022

Harvest date	Yield	Reporting basis	Density (lbs/cu ft)	Moisture (%)	N (mg/kg)	P (mg/kg)	K (mg/kg)	Salt (mg/kg)	TFS (%)
05/09/2023	365.90 *ton*	As-is		63.4	3,300.00	600.00	4,000.00		6.10

	Yield (tons/acre)	Total N (lbs/acre)	Total P (lbs/acre)	Total K (lbs/acre)	Salt (lbs/acre)
Anticipated harvest content	18.00	198.00	30.60	149.40	0.00
Total actual harvest content	18.30	120.75	21.95	146.36	816.91

Annual Report - General Order No. R5-2007-0035
Reporting period 01/01/2023 to 12/31/2023.

Field 5

07/01/2023: Corn, silage

Crop: Corn, silage Acres planted: 20 Plant date: 07/01/2023

Harvest date	Yield	Reporting basis	Density (lbs/cu ft)	Moisture (%)	N (mg/kg)	P (mg/kg)	K (mg/kg)	Salt (mg/kg)	TFS (%)
10/10/2023	414.20 *ton*	As-is		67.6	3,900.00	500.00	2,700.00		4.70

	Yield (tons/acre)	Total N (lbs/acre)	Total P (lbs/acre)	Total K (lbs/acre)	Salt (lbs/acre)
Anticipated harvest content	30.00	240.00	45.00	198.00	0.00
Total actual harvest content	20.71	161.54	20.71	111.83	630.74

Field 6

Field name: Field 6

11/03/2022: Wheat, silage, soft dough

Crop: Wheat, silage, soft dough Acres planted: 37 Plant date: 11/03/2022

Harvest date	Yield	Reporting basis	Density (lbs/cu ft)	Moisture (%)	N (mg/kg)	P (mg/kg)	K (mg/kg)	Salt (mg/kg)	TFS (%)
05/09/2023	709.80 *ton*	As-is		64.5	4,600.00	500.00	5,000.00		7.20

	Yield (tons/acre)	Total N (lbs/acre)	Total P (lbs/acre)	Total K (lbs/acre)	Salt (lbs/acre)
Anticipated harvest content	18.00	198.00	30.60	149.40	0.00
Total actual harvest content	19.18	176.49	19.18	191.84	980.68

07/06/2023: Corn, silage

Crop: Corn, silage Acres planted: 37 Plant date: 07/06/2023

Harvest date	Yield	Reporting basis	Density (lbs/cu ft)	Moisture (%)	N (mg/kg)	P (mg/kg)	K (mg/kg)	Salt (mg/kg)	TFS (%)
10/24/2023	522.00 *ton*	As-is		59.0	5,200.00	1,200.00	4,700.00		5.70

	Yield (tons/acre)	Total N (lbs/acre)	Total P (lbs/acre)	Total K (lbs/acre)	Salt (lbs/acre)
Anticipated harvest content	30.00	240.00	45.00	198.00	0.00
Total actual harvest content	14.11	146.72	33.86	132.62	659.41

Annual Report - General Order No. R5-2007-0035
Reporting period 01/01/2023 to 12/31/2023.

Field 7

Field name: Field 7

11/01/2022: Wheat, silage, soft dough

Crop: Wheat, silage, soft dough Acres planted: 6 Plant date: 11/01/2022

Harvest date	Yield	Reporting basis	Density (lbs/cu ft)	Moisture (%)	N (mg/kg)	P (mg/kg)	K (mg/kg)	Salt (mg/kg)	TFS (%)
05/10/2023	88.30 *ton*	As-is		61.3	4,300.00	900.00	5,200.00		7.90

	Yield (tons/acre)	Total N (lbs/acre)	Total P (lbs/acre)	Total K (lbs/acre)	Salt (lbs/acre)
Anticipated harvest content	18.00	198.00	30.60	149.40	0.00
Total actual harvest content	14.72	126.56	26.49	153.05	899.87

06/30/2023: Corn, silage

Crop: Corn, silage Acres planted: 6 Plant date: 06/30/2023

Harvest date	Yield	Reporting basis	Density (lbs/cu ft)	Moisture (%)	N (mg/kg)	P (mg/kg)	K (mg/kg)	Salt (mg/kg)	TFS (%)
10/09/2023	116.90 *ton*	As-is		66.3	4,400.00	700.00	3,600.00		5.10

	Yield (tons/acre)	Total N (lbs/acre)	Total P (lbs/acre)	Total K (lbs/acre)	Salt (lbs/acre)
Anticipated harvest content	30.00	240.00	45.00	198.00	0.00
Total actual harvest content	19.48	171.45	27.28	140.28	669.72

Field 8

Field name: Field 8

11/01/2022: Wheat, silage, soft dough

Crop: Wheat, silage, soft dough Acres planted: 13 Plant date: 11/01/2022

Harvest date	Yield	Reporting basis	Density (lbs/cu ft)	Moisture (%)	N (mg/kg)	P (mg/kg)	K (mg/kg)	Salt (mg/kg)	TFS (%)
05/10/2023	155.00 *ton*	As-is		60.7	3,300.00	800.00	4,600.00		7.60

	Yield (tons/acre)	Total N (lbs/acre)	Total P (lbs/acre)	Total K (lbs/acre)	Salt (lbs/acre)
Anticipated harvest content	18.00	198.00	30.60	149.40	0.00
Total actual harvest content	11.92	78.69	19.08	109.69	712.24

Annual Report - General Order No. R5-2007-0035
Reporting period 01/01/2023 to 12/31/2023.

Field 8

06/14/2023: Corn, silage

Crop: Corn, silage Acres planted: 13 Plant date: 06/14/2023

Harvest date	Yield	Reporting basis	Density (lbs/cu ft)	Moisture (%)	N (mg/kg)	P (mg/kg)	K (mg/kg)	Salt (mg/kg)	TFS (%)
09/16/2023	442.50 *ton*	As-is		70.3	3,500.00	800.00	2,900.00		5.00

	Yield (tons/acre)	Total N (lbs/acre)	Total P (lbs/acre)	Total K (lbs/acre)	Salt (lbs/acre)
Anticipated harvest content	30.00	240.00	45.00	198.00	0.00
Total actual harvest content	34.04	238.27	54.46	197.42	1,010.94

Field 9

Field name: Field 9

11/02/2022: Wheat, silage, soft dough

Crop: Wheat, silage, soft dough Acres planted: 8 Plant date: 11/02/2022

Harvest date	Yield	Reporting basis	Density (lbs/cu ft)	Moisture (%)	N (mg/kg)	P (mg/kg)	K (mg/kg)	Salt (mg/kg)	TFS (%)
05/10/2023	95.50 *ton*	As-is		58.7	3,200.00	600.00	4,400.00		7.00

	Yield (tons/acre)	Total N (lbs/acre)	Total P (lbs/acre)	Total K (lbs/acre)	Salt (lbs/acre)
Anticipated harvest content	18.00	198.00	30.60	149.40	0.00
Total actual harvest content	11.94	76.40	14.33	105.05	690.23

06/29/2023: Corn, silage

Crop: Corn, silage Acres planted: 8 Plant date: 06/29/2023

Harvest date	Yield	Reporting basis	Density (lbs/cu ft)	Moisture (%)	N (mg/kg)	P (mg/kg)	K (mg/kg)	Salt (mg/kg)	TFS (%)
10/09/2023	141.60 *ton*	As-is		62.9	4,100.00	900.00	4,000.00		5.30

	Yield (tons/acre)	Total N (lbs/acre)	Total P (lbs/acre)	Total K (lbs/acre)	Salt (lbs/acre)
Anticipated harvest content	30.00	240.00	45.00	198.00	0.00
Total actual harvest content	17.70	145.14	31.86	141.60	696.07

Annual Report - General Order No. R5-2007-0035
Reporting period 01/01/2023 to 12/31/2023.

Field Joes/DaRocha

Field name: Field Joes/DaRocha

10/31/2022: Wheat Hay

Crop: Wheat Hay Acres planted: 9 Plant date: 10/31/2022

Harvest date	Yield	Reporting basis	Density (lbs/cu ft)	Moisture (%)	N (mg/kg)	P (mg/kg)	K (mg/kg)	Salt (mg/kg)	TFS (%)
06/13/2023	38.25 *ton*	As-is		7.6	9,800.00	1,700.00	12,500.00		11.40

	Yield (tons/acre)	Total N (lbs/acre)	Total P (lbs/acre)	Total K (lbs/acre)	Salt (lbs/acre)
Anticipated harvest content	4.00	132.00	19.20	98.40	0.00
Total actual harvest content	4.25	83.30	14.45	106.25	895.36

07/12/2023: Corn, silage

Crop: Corn, silage Acres planted: 9 Plant date: 07/12/2023

Harvest date	Yield	Reporting basis	Density (lbs/cu ft)	Moisture (%)	N (mg/kg)	P (mg/kg)	K (mg/kg)	Salt (mg/kg)	TFS (%)
10/23/2023	114.00 *ton*	As-is		52.6	5,100.00	1,100.00	6,600.00		5.50

	Yield (tons/acre)	Total N (lbs/acre)	Total P (lbs/acre)	Total K (lbs/acre)	Salt (lbs/acre)
Anticipated harvest content	30.00	240.00	45.00	198.00	0.00
Total actual harvest content	12.67	129.20	27.87	167.20	660.44

Field Markarian

Field name: Field Markarian

10/31/2022: Wheat Hay

Crop: Wheat Hay Acres planted: 8 Plant date: 10/31/2022

Harvest date	Yield	Reporting basis	Density (lbs/cu ft)	Moisture (%)	N (mg/kg)	P (mg/kg)	K (mg/kg)	Salt (mg/kg)	TFS (%)
06/13/2023	33.00 *ton*	As-is		6.3	9,800.00	2,000.00	11,900.00		15.00

	Yield (tons/acre)	Total N (lbs/acre)	Total P (lbs/acre)	Total K (lbs/acre)	Salt (lbs/acre)
Anticipated harvest content	4.00	132.00	19.20	98.40	0.00
Total actual harvest content	4.13	80.85	16.50	98.18	1,159.54

Annual Report - General Order No. R5-2007-0035
Reporting period 01/01/2023 to 12/31/2023.

Field Markarian

07/12/2023: Corn, silage

Crop: Corn, silage Acres planted: 8 Plant date: 07/12/2023

Harvest date	Yield	Reporting basis	Density (lbs/cu ft)	Moisture (%)	N (mg/kg)	P (mg/kg)	K (mg/kg)	Salt (mg/kg)	TFS (%)
10/23/2023	103.00 *ton*	As-is		59.0	3,200.00	700.00	3,500.00		5.80

	Yield (tons/acre)	Total N (lbs/acre)	Total P (lbs/acre)	Total K (lbs/acre)	Salt (lbs/acre)
Anticipated harvest content	30.00	240.00	45.00	198.00	0.00
Total actual harvest content	12.88	82.40	18.03	90.13	612.34

Annual Report - General Order No. R5-2007-0035
Reporting period 01/01/2023 to 12/31/2023.

NUTRIENT BUDGET

A. LAND APPLICATIONS

Field 1 - 11/01/2022: Wheat, silage, soft dough

Field name: Field 1

Crop: Wheat, silage, soft dough — Plant date: 11/01/2022

Application date	Application method	Precipitation 24 hours prior	Precipitation during application	Precipitation 24 hours following
10/05/2022	Broadcast/incorporate	No precipitation	No precipitation	No precipitation

Source description	Material type	N (lbs/acre)	P (lbs/acre)	K (lbs/acre)	Salt (lbs/acre)	Amount
Separated Solids	Separator solids	125.99	25.90	35.86	0.00	230.00 *ton*
Application event totals		125.99	25.90	35.86	0.00	

Field 1 - 07/05/2023: Corn, silage

Field name: Field 1

Crop: Corn, silage — Plant date: 07/05/2023

Application date	Application method	Precipitation 24 hours prior	Precipitation during application	Precipitation 24 hours following
06/14/2023	Broadcast/incorporate	No precipitation	No precipitation	No precipitation

Source description	Material type	N (lbs/acre)	P (lbs/acre)	K (lbs/acre)	Salt (lbs/acre)	Amount
Separator Solids	Separator solids	123.88	43.36	60.39	12,635.94	280.00 *ton*
Application event totals		123.88	43.36	60.39	12,635.94	

Application date	Application method	Precipitation 24 hours prior	Precipitation during application	Precipitation 24 hours following
06/14/2023	Surface (irrigation)	No precipitation	No precipitation	No precipitation

Source description	Material type	N (lbs/acre)	P (lbs/acre)	K (lbs/acre)	Salt (lbs/acre)	Amount
GV Canal E	Surface water	1.17	0.00	0.00	86.60	3,225,600.00 *gal*
Application event totals		1.17	0.00	0.00	86.60	

Application date	Application method	Precipitation 24 hours prior	Precipitation during application	Precipitation 24 hours following
07/28/2023	Surface (irrigation)	No precipitation	No precipitation	No precipitation

Source description	Material type	N (lbs/acre)	P (lbs/acre)	K (lbs/acre)	Salt (lbs/acre)	Amount
GV Canal E	Surface water	1.48	0.00	0.00	109.70	4,085,760.00 *gal*
Application event totals		1.48	0.00	0.00	109.70	

Annual Report - General Order No. R5-2007-0035
Reporting period 01/01/2023 to 12/31/2023.

Field 1 - 07/05/2023: Corn, silage

Application date	Application method	Precipitation 24 hours prior	Precipitation during application	Precipitation 24 hours following
08/12/2023	Sidedress	No precipitation	No precipitation	No precipitation

Source description	Material type	N (lbs/acre)	P (lbs/acre)	K (lbs/acre)	Salt (lbs/acre)	Amount
UN32	Solid commercial fertilizer	35.20	0.00	0.00	0.00	
Application event totals		35.20	0.00	0.00	0.00	

08/12/2023	Surface (irrigation)	No precipitation	No precipitation	No precipitation

Source description	Material type	N (lbs/acre)	P (lbs/acre)	K (lbs/acre)	Salt (lbs/acre)	Amount
GV Canal E	Surface water	1.25	0.00	0.00	92.38	3,440,640.00 *gal*
Application event totals		1.25	0.00	0.00	92.38	

08/25/2023	Surface (irrigation)	No precipitation	No precipitation	No precipitation

Source description	Material type	N (lbs/acre)	P (lbs/acre)	K (lbs/acre)	Salt (lbs/acre)	Amount
GV Canal E	Surface water	1.37	0.00	0.00	101.04	3,763,200.00 *gal*
Application event totals		1.37	0.00	0.00	101.04	

09/05/2023	Surface (irrigation)	No precipitation	No precipitation	No precipitation

Source description	Material type	N (lbs/acre)	P (lbs/acre)	K (lbs/acre)	Salt (lbs/acre)	Amount
GV Canal E	Surface water	1.21	0.00	0.00	89.49	3,333,120.00 *gal*
Application event totals		1.21	0.00	0.00	89.49	

09/18/2023	Surface (irrigation)	No precipitation	No precipitation	No precipitation

Source description	Material type	N (lbs/acre)	P (lbs/acre)	K (lbs/acre)	Salt (lbs/acre)	Amount
GV Canal E	Surface water	1.40	0.00	0.00	103.93	3,870,720.00 *gal*
Application event totals		1.40	0.00	0.00	103.93	

10/02/2023	Surface (irrigation)	No precipitation	No precipitation	No precipitation

Source description	Material type	N (lbs/acre)	P (lbs/acre)	K (lbs/acre)	Salt (lbs/acre)	Amount
GV Canal E	Surface water	1.13	0.00	0.00	83.72	3,118,080.00 *gal*
Application event totals		1.13	0.00	0.00	83.72	

Field 10 - 11/04/2022: Wheat, silage, soft dough

Annual Report - General Order No. R5-2007-0035
Reporting period 01/01/2023 to 12/31/2023.

Field 10 - 11/04/2022: Wheat, silage, soft dough

Field name: Field 10

Crop: Wheat, silage, soft dough

Plant date: 11/04/2022

Application date	Application method	Precipitation 24 hours prior	Precipitation during application	Precipitation 24 hours following
12/07/2022	Surface (irrigation)	No precipitation	No precipitation	No precipitation

Source description	Material type	N (lbs/acre)	P (lbs/acre)	K (lbs/acre)	Salt (lbs/acre)	Amount
WWS	Process wastewater	190.06	24.96	263.94	1,434.44	1,590,000.00 *gal*
Application event totals		190.06	24.96	263.94	1,434.44	

Field 10 - 05/29/2023: Corn, silage

Field name: Field 10

Crop: Corn, silage

Plant date: 05/29/2023

Application date	Application method	Precipitation 24 hours prior	Precipitation during application	Precipitation 24 hours following
05/13/2023	Surface (irrigation)	No precipitation	No precipitation	No precipitation

Source description	Material type	N (lbs/acre)	P (lbs/acre)	K (lbs/acre)	Salt (lbs/acre)	Amount
GV Canal E	Surface water	1.60	0.00	0.00	118.44	7,096,320.00 *gal*
Application event totals		1.60	0.00	0.00	118.44	

06/26/2023	Sidedress	No precipitation	No precipitation	No precipitation

Source description	Material type	N (lbs/acre)	P (lbs/acre)	K (lbs/acre)	Salt (lbs/acre)	Amount
UN32	Solid commercial fertilizer	35.20	0.00	0.00	0.00	
Application event totals		35.20	0.00	0.00	0.00	

06/26/2023	Surface (irrigation)	No precipitation	No precipitation	No precipitation

Source description	Material type	N (lbs/acre)	P (lbs/acre)	K (lbs/acre)	Salt (lbs/acre)	Amount
GV Canal E	Surface water	1.41	0.00	0.00	104.08	6,236,160.00 *gal*
Application event totals		1.41	0.00	0.00	104.08	

Annual Report - General Order No. R5-2007-0035
Reporting period 01/01/2023 to 12/31/2023.

Field 10 - 05/29/2023: Corn, silage

Application date	Application method	Precipitation 24 hours prior	Precipitation during application	Precipitation 24 hours following
07/09/2023	Surface (irrigation)	No precipitation	No precipitation	No precipitation

Source description	Material type	N (lbs/acre)	P (lbs/acre)	K (lbs/acre)	Salt (lbs/acre)	Amount
WWS	Process wastewater	106.38	20.61	103.50	459.02	960,000.00 *gal*
GV Canal E	Surface water	1.16	0.00	0.00	86.14	5,160,960.00 *gal*
Application event totals		107.54	20.61	103.50	545.16	

Application date	Application method	Precipitation 24 hours prior	Precipitation during application	Precipitation 24 hours following
07/23/2023	Surface (irrigation)	No precipitation	No precipitation	No precipitation

Source description	Material type	N (lbs/acre)	P (lbs/acre)	K (lbs/acre)	Salt (lbs/acre)	Amount
GV Canal E	Surface water	1.53	0.00	0.00	113.05	6,773,760.00 *gal*
Application event totals		1.53	0.00	0.00	113.05	

Application date	Application method	Precipitation 24 hours prior	Precipitation during application	Precipitation 24 hours following
08/09/2023	Surface (irrigation)	No precipitation	No precipitation	No precipitation

Source description	Material type	N (lbs/acre)	P (lbs/acre)	K (lbs/acre)	Salt (lbs/acre)	Amount
WWS	Process wastewater	116.35	22.55	113.20	502.05	1,050,000.00 *gal*
GV Canal E	Surface water	1.29	0.00	0.00	95.11	5,698,560.00 *gal*
Application event totals		117.63	22.55	113.20	597.16	

Application date	Application method	Precipitation 24 hours prior	Precipitation during application	Precipitation 24 hours following
08/20/2023	Surface (irrigation)	No precipitation	No precipitation	No precipitation

Source description	Material type	N (lbs/acre)	P (lbs/acre)	K (lbs/acre)	Salt (lbs/acre)	Amount
GV Canal E	Surface water	1.82	0.00	0.00	134.59	8,064,000.00 *gal*
Application event totals		1.82	0.00	0.00	134.59	

Field 11 - 11/04/2022: Wheat, silage, soft dough

Field name: Field 11

Crop: Wheat, silage, soft dough

Plant date: 11/04/2022

Application date	Application method	Precipitation 24 hours prior	Precipitation during application	Precipitation 24 hours following

Annual Report - General Order No. R5-2007-0035
Reporting period 01/01/2023 to 12/31/2023.

Field 11 - 11/04/2022: Wheat, silage, soft dough

Application date	Application method	Precipitation 24 hours prior	Precipitation during application	Precipitation 24 hours following
11/29/2022	Surface (irrigation)	No precipitation	No precipitation	No precipitation

Source description	Material type	N (lbs/acre)	P (lbs/acre)	K (lbs/acre)	Salt (lbs/acre)	Amount
WWS	Process wastewater	132.69	17.42	184.26	1,001.40	840,000.00 *gal*
Application event totals		132.69	17.42	184.26	1,001.40	

Field 11 - 05/31/2023: Corn, silage

Field name: Field 11

Crop: Corn, silage

Plant date: 05/31/2023

Application date	Application method	Precipitation 24 hours prior	Precipitation during application	Precipitation 24 hours following
05/13/2023	Surface (irrigation)	No precipitation	No precipitation	No precipitation

Source description	Material type	N (lbs/acre)	P (lbs/acre)	K (lbs/acre)	Salt (lbs/acre)	Amount
GV Canal E	Surface water	1.59	0.00	0.00	117.38	5,322,240.00 *gal*
Application event totals		1.59	0.00	0.00	117.38	

Application date	Application method	Precipitation 24 hours prior	Precipitation during application	Precipitation 24 hours following
06/26/2023	Sidedress	No precipitation	No precipitation	No precipitation

Source description	Material type	N (lbs/acre)	P (lbs/acre)	K (lbs/acre)	Salt (lbs/acre)	Amount
UN32	Solid commercial fertilizer	35.20	0.00	0.00	0.00	
Application event totals		35.20	0.00	0.00	0.00	

Application date	Application method	Precipitation 24 hours prior	Precipitation during application	Precipitation 24 hours following
06/26/2023	Surface (irrigation)	No precipitation	No precipitation	No precipitation

Source description	Material type	N (lbs/acre)	P (lbs/acre)	K (lbs/acre)	Salt (lbs/acre)	Amount
GV Canal E	Surface water	1.31	0.00	0.00	97.22	4,408,320.00 *gal*
Application event totals		1.31	0.00	0.00	97.22	

Application date	Application method	Precipitation 24 hours prior	Precipitation during application	Precipitation 24 hours following
07/11/2023	Surface (irrigation)	No precipitation	No precipitation	No precipitation

Source description	Material type	N (lbs/acre)	P (lbs/acre)	K (lbs/acre)	Salt (lbs/acre)	Amount
WWS	Process wastewater	118.60	22.98	115.39	511.79	810,000.00 *gal*
GV Canal E	Surface water	1.28	0.00	0.00	94.85	4,300,800.00 *gal*
Application event totals		119.89	22.98	115.39	606.64	

Annual Report - General Order No. R5-2007-0035
Reporting period 01/01/2023 to 12/31/2023.

Field 11 - 05/31/2023: Corn, silage

Application date	Application method	Precipitation 24 hours prior	Precipitation during application	Precipitation 24 hours following
07/23/2023	Surface (irrigation)	No precipitation	No precipitation	No precipitation

Source description	Material type	N (lbs/acre)	P (lbs/acre)	K (lbs/acre)	Salt (lbs/acre)	Amount
GV Canal E	Surface water	1.51	0.00	0.00	111.45	5,053,440.00 *gal*
Application event totals		1.51	0.00	0.00	111.45	

Application date	Application method	Precipitation 24 hours prior	Precipitation during application	Precipitation 24 hours following
08/07/2023	Surface (irrigation)	No precipitation	No precipitation	No precipitation

Source description	Material type	N (lbs/acre)	P (lbs/acre)	K (lbs/acre)	Salt (lbs/acre)	Amount
WWS	Process wastewater	114.21	22.13	111.12	492.83	780,000.00 *gal*
GV Canal E	Surface water	1.27	0.00	0.00	93.67	4,247,040.00 *gal*
Application event totals		115.48	22.13	111.12	586.50	

Application date	Application method	Precipitation 24 hours prior	Precipitation during application	Precipitation 24 hours following
08/20/2023	Surface (irrigation)	No precipitation	No precipitation	No precipitation

Source description	Material type	N (lbs/acre)	P (lbs/acre)	K (lbs/acre)	Salt (lbs/acre)	Amount
GV Canal E	Surface water	1.38	0.00	0.00	101.97	4,623,360.00 *gal*
Application event totals		1.38	0.00	0.00	101.97	

Field 12 - 11/04/2022: Wheat, silage, boot stage

Field name: Field 12

Crop: Wheat, silage, boot stage Plant date: 11/04/2022

Application date	Application method	Precipitation 24 hours prior	Precipitation during application	Precipitation 24 hours following
01/18/2023	Surface (irrigation)	No precipitation	No precipitation	No precipitation

Source description	Material type	N (lbs/acre)	P (lbs/acre)	K (lbs/acre)	Salt (lbs/acre)	Amount
WWS	Process wastewater	170.05	210.88	14.07	1,375.46	1,140,000.00 *gal*
Application event totals		170.05	210.88	14.07	1,375.46	

Field 12 - 06/16/2023: Corn, silage

Field name: Field 12

Crop: Corn, silage Plant date: 06/16/2023

Annual Report - General Order No. R5-2007-0035
Reporting period 01/01/2023 to 12/31/2023.

Field 12 - 06/16/2023: Corn, silage

Application date	Application method	Precipitation 24 hours prior	Precipitation during application	Precipitation 24 hours following
05/21/2023	Surface (irrigation)	No precipitation	No precipitation	No precipitation

Source description	Material type	N (lbs/acre)	P (lbs/acre)	K (lbs/acre)	Salt (lbs/acre)	Amount
DW 12	Ground water	4.67	0.00	0.00	654.98	5,460,000.00 *gal*
Application event totals		4.67	0.00	0.00	654.98	

Application date	Application method	Precipitation 24 hours prior	Precipitation during application	Precipitation 24 hours following
07/13/2023	Sidedress	No precipitation	No precipitation	No precipitation

Source description	Material type	N (lbs/acre)	P (lbs/acre)	K (lbs/acre)	Salt (lbs/acre)	Amount
UN32	Solid commercial fertilizer	35.20	0.00	0.00	0.00	
Application event totals		35.20	0.00	0.00	0.00	

Application date	Application method	Precipitation 24 hours prior	Precipitation during application	Precipitation 24 hours following
07/13/2023	Surface (irrigation)	No precipitation	No precipitation	No precipitation

Source description	Material type	N (lbs/acre)	P (lbs/acre)	K (lbs/acre)	Salt (lbs/acre)	Amount
DW 12	Ground water	4.53	0.00	0.00	634.83	5,292,000.00 *gal*
Application event totals		4.53	0.00	0.00	634.83	

Application date	Application method	Precipitation 24 hours prior	Precipitation during application	Precipitation 24 hours following
07/28/2023	Surface (irrigation)	No precipitation	No precipitation	No precipitation

Source description	Material type	N (lbs/acre)	P (lbs/acre)	K (lbs/acre)	Salt (lbs/acre)	Amount
WWS	Process wastewater	112.75	21.85	109.70	486.51	660,000.00 *gal*
DW 12	Ground water	3.63	0.00	0.00	508.87	4,242,000.00 *gal*
Application event totals		116.38	21.85	109.70	995.38	

Application date	Application method	Precipitation 24 hours prior	Precipitation during application	Precipitation 24 hours following
08/25/2023	Surface (irrigation)	No precipitation	No precipitation	No precipitation

Source description	Material type	N (lbs/acre)	P (lbs/acre)	K (lbs/acre)	Salt (lbs/acre)	Amount
DW 12	Ground water	4.20	0.00	0.00	589.48	4,914,000.00 *gal*
Application event totals		4.20	0.00	0.00	589.48	

Application date	Application method	Precipitation 24 hours prior	Precipitation during application	Precipitation 24 hours following
09/08/2023	Surface (irrigation)	No precipitation	No precipitation	No precipitation

Source description	Material type	N (lbs/acre)	P (lbs/acre)	K (lbs/acre)	Salt (lbs/acre)	Amount
DW 12	Ground water	4.31	0.00	0.00	604.60	5,040,000.00 *gal*
Application event totals		4.31	0.00	0.00	604.60	

Annual Report - General Order No. R5-2007-0035
Reporting period 01/01/2023 to 12/31/2023.

Field 13 - 10/31/2022: Wheat Hay

Field name: Field 13

Crop: Wheat Hay

Plant date: 10/31/2022

Application date	Application method	Precipitation 24 hours prior	Precipitation during application	Precipitation 24 hours following
12/06/2022	Surface (irrigation)	No precipitation	No precipitation	No precipitation

Source description	Material type	N (lbs/acre)	P (lbs/acre)	K (lbs/acre)	Salt (lbs/acre)	Amount
WWS	Process wastewater	122.48	16.08	170.08	924.37	360,000.00 *gal*
Application event totals		122.48	16.08	170.08	924.37	

Field 13 - 07/14/2023: Corn, silage

Field name: Field 13

Crop: Corn, silage

Plant date: 07/14/2023

Application date	Application method	Precipitation 24 hours prior	Precipitation during application	Precipitation 24 hours following
06/14/2023	Surface (irrigation)	No precipitation	No precipitation	No precipitation

Source description	Material type	N (lbs/acre)	P (lbs/acre)	K (lbs/acre)	Salt (lbs/acre)	Amount
DW 12	Ground water	3.25	0.00	0.00	455.77	2,058,000.00 *gal*
Application event totals		3.25	0.00	0.00	455.77	

Application date	Application method	Precipitation 24 hours prior	Precipitation during application	Precipitation 24 hours following
07/16/2023	Sidedress	No precipitation	No precipitation	No precipitation

Source description	Material type	N (lbs/acre)	P (lbs/acre)	K (lbs/acre)	Salt (lbs/acre)	Amount
UN32	Solid commercial fertilizer	35.20	0.00	0.00	0.00	
Application event totals		35.20	0.00	0.00	0.00	

Application date	Application method	Precipitation 24 hours prior	Precipitation during application	Precipitation 24 hours following
07/16/2023	Surface (irrigation)	No precipitation	No precipitation	No precipitation

Source description	Material type	N (lbs/acre)	P (lbs/acre)	K (lbs/acre)	Salt (lbs/acre)	Amount
DW 12	Ground water	4.71	0.00	0.00	660.40	2,982,000.00 *gal*
Application event totals		4.71	0.00	0.00	660.40	

Annual Report - General Order No. R5-2007-0035
Reporting period 01/01/2023 to 12/31/2023.

Field 13 - 07/14/2023: Corn, silage

Application date	Application method	Precipitation 24 hours prior	Precipitation during application	Precipitation 24 hours following
08/13/2023	Surface (irrigation)	No precipitation	No precipitation	No precipitation

Source description	Material type	N (lbs/acre)	P (lbs/acre)	K (lbs/acre)	Salt (lbs/acre)	Amount
DW 12	Ground water	3.85	0.00	0.00	539.48	2,436,000.00 *gal*
Application event totals		3.85	0.00	0.00	539.48	

Application date	Application method	Precipitation 24 hours prior	Precipitation during application	Precipitation 24 hours following
09/01/2023	Surface (irrigation)	No precipitation	No precipitation	No precipitation

Source description	Material type	N (lbs/acre)	P (lbs/acre)	K (lbs/acre)	Salt (lbs/acre)	Amount
DW 12	Ground water	3.91	0.00	0.00	548.79	2,478,000.00 *gal*
Application event totals		3.91	0.00	0.00	548.79	

Application date	Application method	Precipitation 24 hours prior	Precipitation during application	Precipitation 24 hours following
09/13/2023	Surface (irrigation)	No precipitation	No precipitation	No precipitation

Source description	Material type	N (lbs/acre)	P (lbs/acre)	K (lbs/acre)	Salt (lbs/acre)	Amount
DW 12	Ground water	4.58	0.00	0.00	641.80	2,898,000.00 *gal*
Application event totals		4.58	0.00	0.00	641.80	

Field 14 - 11/04/2022: Wheat Hay

Field name: Field 14

Crop: Wheat Hay

Plant date: 11/04/2022

Application date	Application method	Precipitation 24 hours prior	Precipitation during application	Precipitation 24 hours following
12/08/2022	Surface (irrigation)	No precipitation	No precipitation	No precipitation

Source description	Material type	N (lbs/acre)	P (lbs/acre)	K (lbs/acre)	Salt (lbs/acre)	Amount
WWS	Process wastewater	117.08	15.37	162.58	883.59	450,000.00 *gal*
Application event totals		117.08	15.37	162.58	883.59	

Field 14 - 07/19/2023: Corn, silage

Field name: Field 14

Crop: Corn, silage

Plant date: 07/19/2023

Annual Report - General Order No. R5-2007-0035
Reporting period 01/01/2023 to 12/31/2023.

Field 14 - 07/19/2023: Corn, silage

Application date	Application method	Precipitation 24 hours prior	Precipitation during application	Precipitation 24 hours following
07/22/2023	Surface (irrigation)	No precipitation	No precipitation	No precipitation

Source description	Material type	N (lbs/acre)	P (lbs/acre)	K (lbs/acre)	Salt (lbs/acre)	Amount
DW 12	Ground water	4.51	0.00	0.00	633.05	3,738,000.00 *gal*
Application event totals		4.51	0.00	0.00	633.05	

Application date	Application method	Precipitation 24 hours prior	Precipitation during application	Precipitation 24 hours following
08/18/2023	Sidedress	No precipitation	No precipitation	No precipitation

Source description	Material type	N (lbs/acre)	P (lbs/acre)	K (lbs/acre)	Salt (lbs/acre)	Amount
UN32	Solid commercial fertilizer	35.20	0.00	0.00	0.00	
Application event totals		35.20	0.00	0.00	0.00	

Application date	Application method	Precipitation 24 hours prior	Precipitation during application	Precipitation 24 hours following
08/18/2023	Surface (irrigation)	No precipitation	No precipitation	No precipitation

Source description	Material type	N (lbs/acre)	P (lbs/acre)	K (lbs/acre)	Salt (lbs/acre)	Amount
DW 12	Ground water	5.43	0.00	0.00	761.08	4,494,000.00 *gal*
Application event totals		5.43	0.00	0.00	761.08	

Application date	Application method	Precipitation 24 hours prior	Precipitation during application	Precipitation 24 hours following
09/05/2023	Surface (irrigation)	No precipitation	No precipitation	No precipitation

Source description	Material type	N (lbs/acre)	P (lbs/acre)	K (lbs/acre)	Salt (lbs/acre)	Amount
DW 12	Ground water	4.11	0.00	0.00	576.14	3,402,000.00 *gal*
Application event totals		4.11	0.00	0.00	576.14	

Application date	Application method	Precipitation 24 hours prior	Precipitation during application	Precipitation 24 hours following
09/16/2023	Surface (irrigation)	No precipitation	No precipitation	No precipitation

Source description	Material type	N (lbs/acre)	P (lbs/acre)	K (lbs/acre)	Salt (lbs/acre)	Amount
DW 12	Ground water	3.73	0.00	0.00	522.80	3,087,000.00 *gal*
Application event totals		3.73	0.00	0.00	522.80	

Field 15 - 11/02/2022: Wheat, silage, soft dough

Field name: Field 15

Crop: Wheat, silage, soft dough

Plant date: 11/02/2022

Application date	Application method	Precipitation 24 hours prior	Precipitation during application	Precipitation 24 hours following

Annual Report - General Order No. R5-2007-0035
Reporting period 01/01/2023 to 12/31/2023.

Field 15 - 11/02/2022: Wheat, silage, soft dough

Application date	Application method	Precipitation 24 hours prior	Precipitation during application	Precipitation 24 hours following
10/16/2022	Broadcast/incorporate	No precipitation	No precipitation	No precipitation

Source description	Material type	N (lbs/acre)	P (lbs/acre)	K (lbs/acre)	Salt (lbs/acre)	Amount
Separator Solids	Separator solids	94.50	19.42	26.89	0.00	90.00 *ton*
Application event totals		94.50	19.42	26.89	0.00	

Field 15 - 06/12/2023: Corn, silage

Field name: Field 15

Crop: Corn, silage

Plant date: 06/12/2023

Application date	Application method	Precipitation 24 hours prior	Precipitation during application	Precipitation 24 hours following
05/20/2023	Surface (irrigation)	No precipitation	No precipitation	No precipitation

Source description	Material type	N (lbs/acre)	P (lbs/acre)	K (lbs/acre)	Salt (lbs/acre)	Amount
GV Canal E	Surface water	1.79	0.00	0.00	132.79	2,580,480.00 *gal*
Application event totals		1.79	0.00	0.00	132.79	

07/09/2023	Sidedress	No precipitation	No precipitation	No precipitation

Source description	Material type	N (lbs/acre)	P (lbs/acre)	K (lbs/acre)	Salt (lbs/acre)	Amount
UN32	Solid commercial fertilizer	35.20	0.00	0.00	0.00	
Application event totals		35.20	0.00	0.00	0.00	

07/09/2023	Surface (irrigation)	No precipitation	No precipitation	No precipitation

Source description	Material type	N (lbs/acre)	P (lbs/acre)	K (lbs/acre)	Salt (lbs/acre)	Amount
GV Canal E	Surface water	0.67	0.00	0.00	49.80	967,680.00 *gal*
Application event totals		0.67	0.00	0.00	49.80	

07/20/2023	Surface (irrigation)	No precipitation	No precipitation	No precipitation

Source description	Material type	N (lbs/acre)	P (lbs/acre)	K (lbs/acre)	Salt (lbs/acre)	Amount
GV Canal E	Surface water	1.50	0.00	0.00	110.66	2,150,400.00 *gal*
Application event totals		1.50	0.00	0.00	110.66	

Annual Report - General Order No. R5-2007-0035
Reporting period 01/01/2023 to 12/31/2023.

Field 15 - 06/12/2023: Corn, silage

Application date	Application method	Precipitation 24 hours prior	Precipitation during application	Precipitation 24 hours following
08/03/2023	Surface (irrigation)	No precipitation	No precipitation	No precipitation

Source description	Material type	N (lbs/acre)	P (lbs/acre)	K (lbs/acre)	Salt (lbs/acre)	Amount
WWS	Process wastewater	102.50	19.86	99.72	442.29	300,000.00 *gal*
GV Canal E	Surface water	1.27	0.00	0.00	94.06	1,827,840.00 *gal*
Application event totals		103.77	19.86	99.72	536.35	

Application date	Application method	Precipitation 24 hours prior	Precipitation during application	Precipitation 24 hours following
08/17/2023	Surface (irrigation)	No precipitation	No precipitation	No precipitation

Source description	Material type	N (lbs/acre)	P (lbs/acre)	K (lbs/acre)	Salt (lbs/acre)	Amount
GV Canal E	Surface water	1.20	0.00	0.00	88.53	1,720,320.00 *gal*
Application event totals		1.20	0.00	0.00	88.53	

Application date	Application method	Precipitation 24 hours prior	Precipitation during application	Precipitation 24 hours following
08/31/2023	Surface (irrigation)	No precipitation	No precipitation	No precipitation

Source description	Material type	N (lbs/acre)	P (lbs/acre)	K (lbs/acre)	Salt (lbs/acre)	Amount
WWS	Process wastewater	107.62	20.85	104.71	464.40	315,000.00 *gal*
GV Canal E	Surface water	1.57	0.00	0.00	116.19	2,257,920.00 *gal*
Application event totals		109.19	20.85	104.71	580.59	

Application date	Application method	Precipitation 24 hours prior	Precipitation during application	Precipitation 24 hours following
09/04/2023	Surface (irrigation)	No precipitation	No precipitation	No precipitation

Source description	Material type	N (lbs/acre)	P (lbs/acre)	K (lbs/acre)	Salt (lbs/acre)	Amount
GV Canal E	Surface water	1.20	0.00	0.00	88.53	1,720,320.00 *gal*
Application event totals		1.20	0.00	0.00	88.53	

Field 16 - 11/03/2022: Wheat, silage, soft dough

Field name: Field 16

Crop: Wheat, silage, soft dough

Plant date: 11/03/2022

Application date	Application method	Precipitation 24 hours prior	Precipitation during application	Precipitation 24 hours following

Annual Report - General Order No. R5-2007-0035
Reporting period 01/01/2023 to 12/31/2023.

Field 16 - 11/03/2022: Wheat, silage, soft dough

Application date	Application method	Precipitation 24 hours prior	Precipitation during application	Precipitation 24 hours following
03/22/2023	Surface (irrigation)	No precipitation	No precipitation	No precipitation

Source description	Material type	N (lbs/acre)	P (lbs/acre)	K (lbs/acre)	Salt (lbs/acre)	Amount
WWS	Process wastewater	154.41	192.38	12.84	1,254.81	780,000.00 *gal*
Application event totals		154.41	192.38	12.84	1,254.81	

Field 16 - 06/12/2023: Corn, silage

Field name: Field 16

Crop: Corn, silage

Plant date: 06/12/2023

Application date	Application method	Precipitation 24 hours prior	Precipitation during application	Precipitation 24 hours following
05/20/2023	Surface (irrigation)	No precipitation	No precipitation	No precipitation

Source description	Material type	N (lbs/acre)	P (lbs/acre)	K (lbs/acre)	Salt (lbs/acre)	Amount
WWS	Process wastewater	119.69	17.80	128.10	830.33	450,000.00 *gal*
GV Canal E	Surface water	1.50	0.00	0.00	110.66	3,225,600.00 *gal*
Application event totals		121.18	17.80	128.10	940.99	

07/06/2023	Sidedress	No precipitation	No precipitation	No precipitation

Source description	Material type	N (lbs/acre)	P (lbs/acre)	K (lbs/acre)	Salt (lbs/acre)	Amount
UN32	Solid commercial fertilizer	35.20	0.00	0.00	0.00	
Application event totals		35.20	0.00	0.00	0.00	

07/06/2023	Surface (irrigation)	No precipitation	No precipitation	No precipitation

Source description	Material type	N (lbs/acre)	P (lbs/acre)	K (lbs/acre)	Salt (lbs/acre)	Amount
GV Canal E	Surface water	1.20	0.00	0.00	88.53	2,580,480.00 *gal*
Application event totals		1.20	0.00	0.00	88.53	

07/17/2023	Surface (irrigation)	No precipitation	No precipitation	No precipitation

Source description	Material type	N (lbs/acre)	P (lbs/acre)	K (lbs/acre)	Salt (lbs/acre)	Amount
GV Canal E	Surface water	1.45	0.00	0.00	106.97	3,118,080.00 *gal*
Application event totals		1.45	0.00	0.00	106.97	

Annual Report - General Order No. R5-2007-0035
Reporting period 01/01/2023 to 12/31/2023.

Field 16 - 06/12/2023: Corn, silage

Application date	Application method	Precipitation 24 hours prior	Precipitation during application	Precipitation 24 hours following
08/02/2023	Surface (irrigation)	No precipitation	No precipitation	No precipitation

Source description	Material type	N (lbs/acre)	P (lbs/acre)	K (lbs/acre)	Salt (lbs/acre)	Amount
GV Canal E	Surface water	1.05	0.00	0.00	77.46	2,257,920.00 *gal*
Application event totals		1.05	0.00	0.00	77.46	

Application date	Application method	Precipitation 24 hours prior	Precipitation during application	Precipitation 24 hours following
08/15/2023	Surface (irrigation)	No precipitation	No precipitation	No precipitation

Source description	Material type	N (lbs/acre)	P (lbs/acre)	K (lbs/acre)	Salt (lbs/acre)	Amount
WWS	Process wastewater	82.00	15.89	79.78	353.83	360,000.00 *gal*
GV Canal E	Surface water	1.20	0.00	0.00	88.53	2,580,480.00 *gal*
Application event totals		83.19	15.89	79.78	442.36	

Application date	Application method	Precipitation 24 hours prior	Precipitation during application	Precipitation 24 hours following
08/28/2023	Surface (irrigation)	No precipitation	No precipitation	No precipitation

Source description	Material type	N (lbs/acre)	P (lbs/acre)	K (lbs/acre)	Salt (lbs/acre)	Amount
GV Canal E	Surface water	1.32	0.00	0.00	97.75	2,849,280.00 *gal*
Application event totals		1.32	0.00	0.00	97.75	

Application date	Application method	Precipitation 24 hours prior	Precipitation during application	Precipitation 24 hours following
09/02/2023	Surface (irrigation)	No precipitation	No precipitation	No precipitation

Source description	Material type	N (lbs/acre)	P (lbs/acre)	K (lbs/acre)	Salt (lbs/acre)	Amount
GV Canal E	Surface water	1.17	0.00	0.00	86.68	2,526,720.00 *gal*
Application event totals		1.17	0.00	0.00	86.68	

Field 17 - 11/03/2022: Wheat, silage, soft dough

Field name: Field 17

Crop: Wheat, silage, soft dough

Plant date: 11/03/2022

Application date	Application method	Precipitation 24 hours prior	Precipitation during application	Precipitation 24 hours following
03/25/2023	Surface (irrigation)	No precipitation	No precipitation	No precipitation

Source description	Material type	N (lbs/acre)	P (lbs/acre)	K (lbs/acre)	Salt (lbs/acre)	Amount
WWS	Process wastewater	189.13	235.64	15.72	1,536.96	690,000.00 *gal*
Application event totals		189.13	235.64	15.72	1,536.96	

Annual Report - General Order No. R5-2007-0035
Reporting period 01/01/2023 to 12/31/2023.

Field 17 - 06/12/2023: Corn, silage

Field name: Field 17

Crop: Corn, silage

Plant date: 06/12/2023

Application date	Application method	Precipitation 24 hours prior	Precipitation during application	Precipitation 24 hours following
05/21/2023	Surface (irrigation)	No precipitation	No precipitation	No precipitation

Source description	Material type	N (lbs/acre)	P (lbs/acre)	K (lbs/acre)	Salt (lbs/acre)	Amount
WWS	Process wastewater	104.96	15.61	112.33	728.13	285,000.00 *gal*
GV Canal E	Surface water	1.79	0.00	0.00	132.79	2,795,520.00 *gal*
Application event totals		106.75	15.61	112.33	860.93	

Application date	Application method	Precipitation 24 hours prior	Precipitation during application	Precipitation 24 hours following
07/06/2023	Sidedress	No precipitation	No precipitation	No precipitation

Source description	Material type	N (lbs/acre)	P (lbs/acre)	K (lbs/acre)	Salt (lbs/acre)	Amount
UN32	Solid commercial fertilizer	35.20	0.00	0.00	0.00	
Application event totals		35.20	0.00	0.00	0.00	

Application date	Application method	Precipitation 24 hours prior	Precipitation during application	Precipitation 24 hours following
07/07/2023	Surface (irrigation)	No precipitation	No precipitation	No precipitation

Source description	Material type	N (lbs/acre)	P (lbs/acre)	K (lbs/acre)	Salt (lbs/acre)	Amount
GV Canal E	Surface water	1.45	0.00	0.00	107.26	2,257,920.00 *gal*
Application event totals		1.45	0.00	0.00	107.26	

Application date	Application method	Precipitation 24 hours prior	Precipitation during application	Precipitation 24 hours following
07/18/2023	Surface (irrigation)	No precipitation	No precipitation	No precipitation

Source description	Material type	N (lbs/acre)	P (lbs/acre)	K (lbs/acre)	Salt (lbs/acre)	Amount
GV Canal E	Surface water	0.90	0.00	0.00	66.40	1,397,760.00 *gal*
Application event totals		0.90	0.00	0.00	66.40	

Application date	Application method	Precipitation 24 hours prior	Precipitation during application	Precipitation 24 hours following
08/03/2023	Surface (irrigation)	No precipitation	No precipitation	No precipitation

Source description	Material type	N (lbs/acre)	P (lbs/acre)	K (lbs/acre)	Salt (lbs/acre)	Amount
GV Canal E	Surface water	1.45	0.00	0.00	107.26	2,257,920.00 *gal*
Application event totals		1.45	0.00	0.00	107.26	

Annual Report - General Order No. R5-2007-0035
Reporting period 01/01/2023 to 12/31/2023.

Field 17 - 06/12/2023: Corn, silage

Application date	Application method	Precipitation 24 hours prior	Precipitation during application	Precipitation 24 hours following
08/16/2023	Surface (irrigation)	No precipitation	No precipitation	No precipitation

Source description	Material type	N (lbs/acre)	P (lbs/acre)	K (lbs/acre)	Salt (lbs/acre)	Amount
WWS	Process wastewater	104.07	20.17	101.26	449.09	330,000.00 *gal*
GV Canal E	Surface water	1.10	0.00	0.00	81.72	1,720,320.00 *gal*
Application event totals		105.18	20.17	101.26	530.81	

Application date	Application method	Precipitation 24 hours prior	Precipitation during application	Precipitation 24 hours following
08/29/2023	Surface (irrigation)	No precipitation	No precipitation	No precipitation

Source description	Material type	N (lbs/acre)	P (lbs/acre)	K (lbs/acre)	Salt (lbs/acre)	Amount
GV Canal E	Surface water	1.21	0.00	0.00	89.38	1,881,600.00 *gal*
Application event totals		1.21	0.00	0.00	89.38	

Application date	Application method	Precipitation 24 hours prior	Precipitation during application	Precipitation 24 hours following
09/03/2023	Surface (irrigation)	No precipitation	No precipitation	No precipitation

Source description	Material type	N (lbs/acre)	P (lbs/acre)	K (lbs/acre)	Salt (lbs/acre)	Amount
GV Canal E	Surface water	1.24	0.00	0.00	91.93	1,935,360.00 *gal*
Application event totals		1.24	0.00	0.00	91.93	

Field 18 - 11/03/2022: Wheat, silage, soft dough

Field name: Field 18

Crop: Wheat, silage, soft dough

Plant date: 11/03/2022

Application date	Application method	Precipitation 24 hours prior	Precipitation during application	Precipitation 24 hours following
02/20/2023	Surface (irrigation)	No precipitation	No precipitation	No precipitation

Source description	Material type	N (lbs/acre)	P (lbs/acre)	K (lbs/acre)	Salt (lbs/acre)	Amount
WWS	Process wastewater	208.71	260.03	17.35	1,696.06	1,230,000.00 *gal*
Application event totals		208.71	260.03	17.35	1,696.06	

Field 18 - 06/09/2023: Corn, silage

Field name: Field 18

Crop: Corn, silage

Plant date: 06/09/2023

Annual Report - General Order No. R5-2007-0035
Reporting period 01/01/2023 to 12/31/2023.

Field 18 - 06/09/2023: Corn, silage

Application date	Application method	Precipitation 24 hours prior	Precipitation during application	Precipitation 24 hours following
05/18/2023	Surface (irrigation)	No precipitation	No precipitation	No precipitation

Source description	Material type	N (lbs/acre)	P (lbs/acre)	K (lbs/acre)	Salt (lbs/acre)	Amount
WWS	Process wastewater	95.75	14.24	102.48	664.26	420,000.00 *gal*
GV Canal E	Surface water	1.62	0.00	0.00	120.15	4,085,760.00 *gal*
Application event totals		97.37	14.24	102.48	784.41	

Application date	Application method	Precipitation 24 hours prior	Precipitation during application	Precipitation 24 hours following
07/03/2023	Sidedress	No precipitation	No precipitation	No precipitation

Source description	Material type	N (lbs/acre)	P (lbs/acre)	K (lbs/acre)	Salt (lbs/acre)	Amount
UN32	Solid commercial fertilizer	35.20	0.00	0.00	0.00	
Application event totals		35.20	0.00	0.00	0.00	

Application date	Application method	Precipitation 24 hours prior	Precipitation during application	Precipitation 24 hours following
07/03/2023	Surface (irrigation)	No precipitation	No precipitation	No precipitation

Source description	Material type	N (lbs/acre)	P (lbs/acre)	K (lbs/acre)	Salt (lbs/acre)	Amount
GV Canal E	Surface water	1.24	0.00	0.00	91.69	3,118,080.00 *gal*
Application event totals		1.24	0.00	0.00	91.69	

Application date	Application method	Precipitation 24 hours prior	Precipitation during application	Precipitation 24 hours following
07/17/2023	Pipeline	No precipitation	No precipitation	No precipitation

Source description	Material type	N (lbs/acre)	P (lbs/acre)	K (lbs/acre)	Salt (lbs/acre)	Amount
GV Canal E	Surface water	1.54	0.00	0.00	113.82	3,870,720.00 *gal*
Application event totals		1.54	0.00	0.00	113.82	

Application date	Application method	Precipitation 24 hours prior	Precipitation during application	Precipitation 24 hours following
07/28/2023	Surface (irrigation)	No precipitation	No precipitation	No precipitation

Source description	Material type	N (lbs/acre)	P (lbs/acre)	K (lbs/acre)	Salt (lbs/acre)	Amount
WWS	Process wastewater	117.14	22.70	113.97	505.47	600,000.00 *gal*
GV Canal E	Surface water	1.28	0.00	0.00	94.85	3,225,600.00 *gal*
Application event totals		118.42	22.70	113.97	600.32	

Application date	Application method	Precipitation 24 hours prior	Precipitation during application	Precipitation 24 hours following
08/10/2023	Surface (irrigation)	No precipitation	No precipitation	No precipitation

Source description	Material type	N (lbs/acre)	P (lbs/acre)	K (lbs/acre)	Salt (lbs/acre)	Amount
GV Canal E	Surface water	1.37	0.00	0.00	101.18	3,440,640.00 *gal*
Application event totals		1.37	0.00	0.00	101.18	

Annual Report - General Order No. R5-2007-0035
Reporting period 01/01/2023 to 12/31/2023.

Field 18 - 06/09/2023: Corn, silage

Application date	Application method	Precipitation 24 hours prior	Precipitation during application	Precipitation 24 hours following
08/23/2023	Surface (irrigation)	No precipitation	No precipitation	No precipitation

Source description	Material type	N (lbs/acre)	P (lbs/acre)	K (lbs/acre)	Salt (lbs/acre)	Amount
GV Canal E	Surface water	1.11	0.00	0.00	82.21	2,795,520.00 *gal*
Application event totals		1.11	0.00	0.00	82.21	

Field 19 - 11/03/2022: Wheat, silage, soft dough

Field name: Field 19

Crop: Wheat, silage, soft dough

Plant date: 11/03/2022

Application date	Application method	Precipitation 24 hours prior	Precipitation during application	Precipitation 24 hours following
03/07/2023	Surface (irrigation)	No precipitation	No precipitation	No precipitation

Source description	Material type	N (lbs/acre)	P (lbs/acre)	K (lbs/acre)	Salt (lbs/acre)	Amount
WWS	Process wastewater	167.03	208.10	13.89	1,357.37	2,250,000.00 *gal*
Application event totals		167.03	208.10	13.89	1,357.37	

Field 19 - 07/07/2023: Corn, silage

Field name: Field 19

Crop: Corn, silage

Plant date: 07/07/2023

Application date	Application method	Precipitation 24 hours prior	Precipitation during application	Precipitation 24 hours following
06/17/2023	Surface (irrigation)	No precipitation	No precipitation	No precipitation

Source description	Material type	N (lbs/acre)	P (lbs/acre)	K (lbs/acre)	Salt (lbs/acre)	Amount
GV Canal E	Surface water	1.71	0.00	0.00	126.57	9,838,080.00 *gal*
Application event totals		1.71	0.00	0.00	126.57	

Annual Report - General Order No. R5-2007-0035
Reporting period 01/01/2023 to 12/31/2023.

Field 19 - 07/07/2023: Corn, silage

Application date	Application method	Precipitation 24 hours prior	Precipitation during application	Precipitation 24 hours following
07/28/2023	Sidedress	No precipitation	No precipitation	No precipitation

Source description	Material type	N (lbs/acre)	P (lbs/acre)	K (lbs/acre)	Salt (lbs/acre)	Amount
UN32	Solid commercial fertilizer	35.20	0.00	0.00	0.00	
Application event totals		35.20	0.00	0.00	0.00	

07/28/2023	Surface (irrigation)	No precipitation	No precipitation	No precipitation

Source description	Material type	N (lbs/acre)	P (lbs/acre)	K (lbs/acre)	Salt (lbs/acre)	Amount
GV Canal E	Surface water	1.32	0.00	0.00	97.52	7,580,160.00 *gal*
Application event totals		1.32	0.00	0.00	97.52	

08/13/2023	Surface (irrigation)	No precipitation	No precipitation	No precipitation

Source description	Material type	N (lbs/acre)	P (lbs/acre)	K (lbs/acre)	Salt (lbs/acre)	Amount
GV Canal E	Surface water	1.36	0.00	0.00	100.98	7,848,960.00 *gal*
Application event totals		1.36	0.00	0.00	100.98	

08/27/2023	Surface (irrigation)	No precipitation	No precipitation	No precipitation

Source description	Material type	N (lbs/acre)	P (lbs/acre)	K (lbs/acre)	Salt (lbs/acre)	Amount
WWS	Process wastewater	94.81	18.37	92.24	409.11	1,110,000.00 *gal*
GV Canal E	Surface water	1.74	0.00	0.00	128.64	9,999,360.00 *gal*
Application event totals		96.55	18.37	92.24	537.76	

09/09/2023	Surface (irrigation)	No precipitation	No precipitation	No precipitation

Source description	Material type	N (lbs/acre)	P (lbs/acre)	K (lbs/acre)	Salt (lbs/acre)	Amount
GV Canal E	Surface water	1.18	0.00	0.00	87.15	6,773,760.00 *gal*
Application event totals		1.18	0.00	0.00	87.15	

09/21/2023	Surface (irrigation)	No precipitation	No precipitation	No precipitation

Source description	Material type	N (lbs/acre)	P (lbs/acre)	K (lbs/acre)	Salt (lbs/acre)	Amount
GV Canal E	Surface water	1.48	0.00	0.00	109.28	8,494,080.00 *gal*
Application event totals		1.48	0.00	0.00	109.28	

Annual Report - General Order No. R5-2007-0035
Reporting period 01/01/2023 to 12/31/2023.

Field 2 - 11/01/2022: Wheat, silage, soft dough

Field name: Field 2

Crop: Wheat, silage, soft dough

Plant date: 11/01/2022

Application date	Application method	Precipitation 24 hours prior	Precipitation during application	Precipitation 24 hours following
10/05/2022	Broadcast/incorporate	No precipitation	No precipitation	No precipitation

Source description	Material type	N (lbs/acre)	P (lbs/acre)	K (lbs/acre)	Salt (lbs/acre)	Amount
Separator Solids	Separator solids	105.00	21.58	29.88	0.00	50.00 *ton*
Application event totals		105.00	21.58	29.88	0.00	

Field 2 - 07/05/2023: Corn, silage

Field name: Field 2

Crop: Corn, silage

Plant date: 07/05/2023

Application date	Application method	Precipitation 24 hours prior	Precipitation during application	Precipitation 24 hours following
06/14/2023	Broadcast/incorporate	No precipitation	No precipitation	No precipitation

Source description	Material type	N (lbs/acre)	P (lbs/acre)	K (lbs/acre)	Salt (lbs/acre)	Amount
Separator Solids	Separator solids	132.29	46.30	64.49	13,493.38	78.00 *ton*
Application event totals		132.29	46.30	64.49	13,493.38	

06/18/2023	Surface (irrigation)	No precipitation	No precipitation	No precipitation

Source description	Material type	N (lbs/acre)	P (lbs/acre)	K (lbs/acre)	Salt (lbs/acre)	Amount
DW 3	Ground water	10.59	0.00	0.00	516.72	1,032,000.00 *gal*
Application event totals		10.59	0.00	0.00	516.72	

07/31/2023	Surface (irrigation)	No precipitation	No precipitation	No precipitation

Source description	Material type	N (lbs/acre)	P (lbs/acre)	K (lbs/acre)	Salt (lbs/acre)	Amount
DW 3	Ground water	13.06	0.00	0.00	636.89	1,272,000.00 *gal*
Application event totals		13.06	0.00	0.00	636.89	

Annual Report - General Order No. R5-2007-0035
Reporting period 01/01/2023 to 12/31/2023.

Field 2 - 07/05/2023: Corn, silage

Application date	Application method	Precipitation 24 hours prior	Precipitation during application	Precipitation 24 hours following
08/14/2023	Sidedress	No precipitation	No precipitation	No precipitation

Source description	Material type	N (lbs/acre)	P (lbs/acre)	K (lbs/acre)	Salt (lbs/acre)	Amount
UN32	Solid commercial fertilizer	35.20	0.00	0.00	0.00	
Application event totals		35.20	0.00	0.00	0.00	

Application date	Application method	Precipitation 24 hours prior	Precipitation during application	Precipitation 24 hours following
08/14/2023	Surface (irrigation)	No precipitation	No precipitation	No precipitation

Source description	Material type	N (lbs/acre)	P (lbs/acre)	K (lbs/acre)	Salt (lbs/acre)	Amount
GV Canal E	Surface water	1.35	0.00	0.00	99.60	967,680.00 *gal*
Application event totals		1.35	0.00	0.00	99.60	

Application date	Application method	Precipitation 24 hours prior	Precipitation during application	Precipitation 24 hours following
08/28/2023	Surface (irrigation)	No precipitation	No precipitation	No precipitation

Source description	Material type	N (lbs/acre)	P (lbs/acre)	K (lbs/acre)	Salt (lbs/acre)	Amount
GV Canal E	Surface water	1.20	0.00	0.00	88.53	860,160.00 *gal*
Application event totals		1.20	0.00	0.00	88.53	

Application date	Application method	Precipitation 24 hours prior	Precipitation during application	Precipitation 24 hours following
09/06/2023	Surface (irrigation)	No precipitation	No precipitation	No precipitation

Source description	Material type	N (lbs/acre)	P (lbs/acre)	K (lbs/acre)	Salt (lbs/acre)	Amount
GV Canal E	Surface water	1.64	0.00	0.00	121.73	1,182,720.00 *gal*
Application event totals		1.64	0.00	0.00	121.73	

Application date	Application method	Precipitation 24 hours prior	Precipitation during application	Precipitation 24 hours following
09/18/2023	Surface (irrigation)	No precipitation	No precipitation	No precipitation

Source description	Material type	N (lbs/acre)	P (lbs/acre)	K (lbs/acre)	Salt (lbs/acre)	Amount
GV Canal E	Surface water	1.27	0.00	0.00	94.06	913,920.00 *gal*
Application event totals		1.27	0.00	0.00	94.06	

Field 20 - 11/03/2022: Wheat, silage, soft dough

Field name: Field 20

Crop: Wheat, silage, soft dough

Plant date: 11/03/2022

Application date	Application method	Precipitation 24 hours prior	Precipitation during application	Precipitation 24 hours following

Annual Report - General Order No. R5-2007-0035
Reporting period 01/01/2023 to 12/31/2023.

Field 20 - 11/03/2022: Wheat, silage, soft dough

Application date	Application method	Precipitation 24 hours prior	Precipitation during application	Precipitation 24 hours following
03/13/2023	Surface (irrigation)	No precipitation	No precipitation	No precipitation

Source description	Material type	N (lbs/acre)	P (lbs/acre)	K (lbs/acre)	Salt (lbs/acre)	Amount
WWS	Process wastewater	184.10	229.38	15.31	1,496.12	930,000.00 *gal*
Application event totals		184.10	229.38	15.31	1,496.12	

Field 20 - 07/09/2023: Corn, silage

Field name: Field 20

Crop: Corn, silage

Plant date: 07/09/2023

Application date	Application method	Precipitation 24 hours prior	Precipitation during application	Precipitation 24 hours following
07/12/2023	Surface (irrigation)	No precipitation	No precipitation	No precipitation

Source description	Material type	N (lbs/acre)	P (lbs/acre)	K (lbs/acre)	Salt (lbs/acre)	Amount
GV Canal E	Surface water	2.03	0.00	0.00	150.06	4,374,000.00 *gal*
Application event totals		2.03	0.00	0.00	150.06	

Application date	Application method	Precipitation 24 hours prior	Precipitation during application	Precipitation 24 hours following
08/11/2023	Sidedress	No precipitation	No precipitation	No precipitation

Source description	Material type	N (lbs/acre)	P (lbs/acre)	K (lbs/acre)	Salt (lbs/acre)	Amount
UN32	Solid commercial fertilizer	35.20	0.00	0.00	0.00	
Application event totals		35.20	0.00	0.00	0.00	

Application date	Application method	Precipitation 24 hours prior	Precipitation during application	Precipitation 24 hours following
08/11/2023	Surface (irrigation)	No precipitation	No precipitation	No precipitation

Source description	Material type	N (lbs/acre)	P (lbs/acre)	K (lbs/acre)	Salt (lbs/acre)	Amount
GV Canal E	Surface water	1.73	0.00	0.00	127.83	3,726,000.00 *gal*
Application event totals		1.73	0.00	0.00	127.83	

Application date	Application method	Precipitation 24 hours prior	Precipitation during application	Precipitation 24 hours following
08/31/2023	Surface (irrigation)	No precipitation	No precipitation	No precipitation

Source description	Material type	N (lbs/acre)	P (lbs/acre)	K (lbs/acre)	Salt (lbs/acre)	Amount
WWS	Process wastewater	109.33	21.19	106.37	471.77	480,000.00 *gal*
GV Canal E	Surface water	1.78	0.00	0.00	131.53	3,834,000.00 *gal*
Application event totals		111.11	21.19	106.37	603.30	

Annual Report - General Order No. R5-2007-0035
Reporting period 01/01/2023 to 12/31/2023.

Field 20 - 07/09/2023: Corn, silage

Application date	Application method	Precipitation 24 hours prior	Precipitation during application	Precipitation 24 hours following
09/16/2023	Surface (irrigation)	No precipitation	No precipitation	No precipitation

Source description	Material type	N (lbs/acre)	P (lbs/acre)	K (lbs/acre)	Salt (lbs/acre)	Amount
GV Canal E	Surface water	1.95	0.00	0.00	144.50	4,212,000.00 *gal*
Application event totals		1.95	0.00	0.00	144.50	

Field 21 - 11/02/2022: Wheat, silage, soft dough

Field name: Field 21

Crop: Wheat, silage, soft dough

Plant date: 11/02/2022

Application date	Application method	Precipitation 24 hours prior	Precipitation during application	Precipitation 24 hours following
03/22/2023	Surface (irrigation)	No precipitation	No precipitation	No precipitation

Source description	Material type	N (lbs/acre)	P (lbs/acre)	K (lbs/acre)	Salt (lbs/acre)	Amount
WWS	Process wastewater	213.80	266.37	17.77	1,737.43	480,000.00 *gal*
Application event totals		213.80	266.37	17.77	1,737.43	

Field 21 - 07/09/2023: Corn, silage

Field name: Field 21

Crop: Corn, silage

Plant date: 07/09/2023

Application date	Application method	Precipitation 24 hours prior	Precipitation during application	Precipitation 24 hours following
06/20/2023	Broadcast/incorporate	No precipitation	No precipitation	No precipitation

Source description	Material type	N (lbs/acre)	P (lbs/acre)	K (lbs/acre)	Salt (lbs/acre)	Amount
Separator Solids	Separator solids	127.20	44.52	62.01	12,974.40	100.00 *ton*
Application event totals		127.20	44.52	62.01	12,974.40	

Annual Report - General Order No. R5-2007-0035
Reporting period 01/01/2023 to 12/31/2023.

Field 21 - 07/09/2023: Corn, silage

Application date	Application method	Precipitation 24 hours prior	Precipitation during application	Precipitation 24 hours following
06/19/2023	Surface (irrigation)	No precipitation	No precipitation	No precipitation

Source description	Material type	N (lbs/acre)	P (lbs/acre)	K (lbs/acre)	Salt (lbs/acre)	Amount
GV Canal E	Surface water	1.68	0.00	0.00	124.49	1,612,800.00 *gal*
Application event totals		1.68	0.00	0.00	124.49	

Application date	Application method	Precipitation 24 hours prior	Precipitation during application	Precipitation 24 hours following
08/06/2023	Surface (irrigation)	No precipitation	No precipitation	No precipitation

Source description	Material type	N (lbs/acre)	P (lbs/acre)	K (lbs/acre)	Salt (lbs/acre)	Amount
GV Canal E	Surface water	1.57	0.00	0.00	116.19	1,505,280.00 *gal*
Application event totals		1.57	0.00	0.00	116.19	

Application date	Application method	Precipitation 24 hours prior	Precipitation during application	Precipitation 24 hours following
08/23/2023	Sidedress	No precipitation	No precipitation	No precipitation

Source description	Material type	N (lbs/acre)	P (lbs/acre)	K (lbs/acre)	Salt (lbs/acre)	Amount
UN332	Solid commercial fertilizer	35.20	0.00	0.00	0.00	
Application event totals		35.20	0.00	0.00	0.00	

Application date	Application method	Precipitation 24 hours prior	Precipitation during application	Precipitation 24 hours following
08/23/2023	Surface (irrigation)	No precipitation	No precipitation	No precipitation

Source description	Material type	N (lbs/acre)	P (lbs/acre)	K (lbs/acre)	Salt (lbs/acre)	Amount
GV Canal E	Surface water	1.46	0.00	0.00	107.89	1,397,760.00 *gal*
Application event totals		1.46	0.00	0.00	107.89	

Application date	Application method	Precipitation 24 hours prior	Precipitation during application	Precipitation 24 hours following
09/04/2023	Surface (irrigation)	No precipitation	No precipitation	No precipitation

Source description	Material type	N (lbs/acre)	P (lbs/acre)	K (lbs/acre)	Salt (lbs/acre)	Amount
GV Canal E	Surface water	2.13	0.00	0.00	157.69	2,042,880.00 *gal*
Application event totals		2.13	0.00	0.00	157.69	

Application date	Application method	Precipitation 24 hours prior	Precipitation during application	Precipitation 24 hours following
09/18/2023	Surface (irrigation)	No precipitation	No precipitation	No precipitation

Source description	Material type	N (lbs/acre)	P (lbs/acre)	K (lbs/acre)	Salt (lbs/acre)	Amount
GV Canal E	Surface water	1.79	0.00	0.00	132.79	1,720,320.00 *gal*
Application event totals		1.79	0.00	0.00	132.79	

Field 22 - 11/02/2022: Wheat, silage, soft dough

Annual Report - General Order No. R5-2007-0035
Reporting period 01/01/2023 to 12/31/2023.

Field 22 - 11/02/2022: Wheat, silage, soft dough

Field name: Field 22

Crop: Wheat, silage, soft dough

Plant date: 11/02/2022

Application date	Application method	Precipitation 24 hours prior	Precipitation during application	Precipitation 24 hours following
03/22/2023	Surface (irrigation)	No precipitation	No precipitation	No precipitation

Source description	Material type	N (lbs/acre)	P (lbs/acre)	K (lbs/acre)	Salt (lbs/acre)	Amount
WWS	Process wastewater	187.07	233.08	15.55	1,520.25	1,050,000.00 *gal*
Application event totals		187.07	233.08	15.55	1,520.25	

Field 22 - 07/08/2023: Corn, silage

Field name: Field 22

Crop: Corn, silage

Plant date: 07/08/2023

Application date	Application method	Precipitation 24 hours prior	Precipitation during application	Precipitation 24 hours following
06/20/2023	Broadcast/incorporate	No precipitation	No precipitation	No precipitation

Source description	Material type	N (lbs/acre)	P (lbs/acre)	K (lbs/acre)	Salt (lbs/acre)	Amount
Separator Solids	Separator solids	132.29	46.30	64.49	13,493.38	260.00 *ton*
Application event totals		132.29	46.30	64.49	13,493.38	

06/23/2023	Surface (irrigation)	No precipitation	No precipitation	No precipitation

Source description	Material type	N (lbs/acre)	P (lbs/acre)	K (lbs/acre)	Salt (lbs/acre)	Amount
GV Canal E	Surface water	1.93	0.00	0.00	142.75	4,623,360.00 *gal*
Application event totals		1.93	0.00	0.00	142.75	

08/10/2023	Surface (irrigation)	No precipitation	No precipitation	No precipitation

Source description	Material type	N (lbs/acre)	P (lbs/acre)	K (lbs/acre)	Salt (lbs/acre)	Amount
GV Canal E	Surface water	1.77	0.00	0.00	131.13	4,247,040.00 *gal*
Application event totals		1.77	0.00	0.00	131.13	

Annual Report - General Order No. R5-2007-0035
Reporting period 01/01/2023 to 12/31/2023.

Field 22 - 07/08/2023: Corn, silage

Application date	Application method	Precipitation 24 hours prior	Precipitation during application	Precipitation 24 hours following
08/23/2023	Sidedress	No precipitation	No precipitation	No precipitation

Source description	Material type	N (lbs/acre)	P (lbs/acre)	K (lbs/acre)	Salt (lbs/acre)	Amount
UN32	Solid commercial fertilizer	35.20	0.00	0.00	0.00	
Application event totals		35.20	0.00	0.00	0.00	

08/23/2023	Surface (irrigation)	No precipitation	No precipitation	No precipitation

Source description	Material type	N (lbs/acre)	P (lbs/acre)	K (lbs/acre)	Salt (lbs/acre)	Amount
GV Canal E	Surface water	1.44	0.00	0.00	106.23	3,440,640.00 *gal*
Application event totals		1.44	0.00	0.00	106.23	

09/06/2023	Surface (irrigation)	No precipitation	No precipitation	No precipitation

Source description	Material type	N (lbs/acre)	P (lbs/acre)	K (lbs/acre)	Salt (lbs/acre)	Amount
GV Canal E	Surface water	1.66	0.00	0.00	122.83	3,978,240.00 *gal*
Application event totals		1.66	0.00	0.00	122.83	

09/20/2023	Surface (irrigation)	No precipitation	No precipitation	No precipitation

Source description	Material type	N (lbs/acre)	P (lbs/acre)	K (lbs/acre)	Salt (lbs/acre)	Amount
GV Canal E	Surface water	1.62	0.00	0.00	119.51	3,870,720.00 *gal*
Application event totals		1.62	0.00	0.00	119.51	

Field 23 - 11/04/2022: Wheat Hay

Field name: Field 23

Crop: Wheat Hay

Plant date: 11/04/2022

Application date	Application method	Precipitation 24 hours prior	Precipitation during application	Precipitation 24 hours following
03/23/2023	Surface (irrigation)	No precipitation	No precipitation	No precipitation

Source description	Material type	N (lbs/acre)	P (lbs/acre)	K (lbs/acre)	Salt (lbs/acre)	Amount
WWS	Process wastewater	100.22	124.86	8.33	814.42	450,000.00 *gal*
Application event totals		100.22	124.86	8.33	814.42	

Annual Report - General Order No. R5-2007-0035
Reporting period 01/01/2023 to 12/31/2023.

Field 23 - 07/17/2023: Corn, silage

Field name: Field 23

Crop: Corn, silage

Plant date: 07/17/2023

Application date	Application method	Precipitation 24 hours prior	Precipitation during application	Precipitation 24 hours following
07/18/2023	Surface (irrigation)	No precipitation	No precipitation	No precipitation

Source description	Material type	N (lbs/acre)	P (lbs/acre)	K (lbs/acre)	Salt (lbs/acre)	Amount
GV Canal E	Surface water	1.77	0.00	0.00	131.30	3,402,000.00 *gal*
Application event totals		1.77	0.00	0.00	131.30	

Application date	Application method	Precipitation 24 hours prior	Precipitation during application	Precipitation 24 hours following
08/09/2023	Sidedress	No precipitation	No precipitation	No precipitation

Source description	Material type	N (lbs/acre)	P (lbs/acre)	K (lbs/acre)	Salt (lbs/acre)	Amount
UN32	Solid commercial fertilizer	35.20	0.00	0.00	0.00	
Application event totals		35.20	0.00	0.00	0.00	

Application date	Application method	Precipitation 24 hours prior	Precipitation during application	Precipitation 24 hours following
08/09/2023	Surface (irrigation)	No precipitation	No precipitation	No precipitation

Source description	Material type	N (lbs/acre)	P (lbs/acre)	K (lbs/acre)	Salt (lbs/acre)	Amount
GV Canal E	Surface water	1.49	0.00	0.00	110.23	2,856,000.00 *gal*
Application event totals		1.49	0.00	0.00	110.23	

Application date	Application method	Precipitation 24 hours prior	Precipitation during application	Precipitation 24 hours following
08/22/2023	Surface (irrigation)	No precipitation	No precipitation	No precipitation

Source description	Material type	N (lbs/acre)	P (lbs/acre)	K (lbs/acre)	Salt (lbs/acre)	Amount
WWS	Process wastewater	103.78	20.11	100.97	447.81	405,000.00 *gal*
GV Canal E	Surface water	1.35	0.00	0.00	99.69	2,583,000.00 *gal*
Application event totals		105.13	20.11	100.97	547.51	

Application date	Application method	Precipitation 24 hours prior	Precipitation during application	Precipitation 24 hours following
09/04/2023	Surface (irrigation)	No precipitation	No precipitation	No precipitation

Source description	Material type	N (lbs/acre)	P (lbs/acre)	K (lbs/acre)	Salt (lbs/acre)	Amount
GV Canal E	Surface water	1.73	0.00	0.00	128.06	3,318,000.00 *gal*
Application event totals		1.73	0.00	0.00	128.06	

Annual Report - General Order No. R5-2007-0035
Reporting period 01/01/2023 to 12/31/2023.

Field 23 - 07/17/2023: Corn, silage

Application date	Application method	Precipitation 24 hours prior	Precipitation during application	Precipitation 24 hours following
09/19/2023	Surface (irrigation)	No precipitation	No precipitation	No precipitation

Source description	Material type	N (lbs/acre)	P (lbs/acre)	K (lbs/acre)	Salt (lbs/acre)	Amount
GV Canal E	Surface water	1.64	0.00	0.00	121.58	3,150,000.00 *gal*
Application event totals		1.64	0.00	0.00	121.58	

Field 24 - 11/03/2022: Wheat, silage, soft dough

Field name: Field 24

Crop: Wheat, silage, soft dough

Plant date: 11/03/2022

Application date	Application method	Precipitation 24 hours prior	Precipitation during application	Precipitation 24 hours following
03/16/2023	Surface (irrigation)	No precipitation	No precipitation	No precipitation

Source description	Material type	N (lbs/acre)	P (lbs/acre)	K (lbs/acre)	Salt (lbs/acre)	Amount
WWS	Process wastewater	198.53	247.35	16.51	1,613.33	780,000.00 *gal*
Application event totals		198.53	247.35	16.51	1,613.33	

Field 24 - 07/25/2023: Corn, silage

Field name: Field 24

Crop: Corn, silage

Plant date: 07/25/2023

Application date	Application method	Precipitation 24 hours prior	Precipitation during application	Precipitation 24 hours following
07/28/2023	Surface (irrigation)	No precipitation	No precipitation	No precipitation

Source description	Material type	N (lbs/acre)	P (lbs/acre)	K (lbs/acre)	Salt (lbs/acre)	Amount
DW 15	Ground water	1.64	0.00	0.00	503.97	2,754,000.00 *gal*
Application event totals		1.64	0.00	0.00	503.97	

Annual Report - General Order No. R5-2007-0035
Reporting period 01/01/2023 to 12/31/2023.

Field 24 - 07/25/2023: Corn, silage

Application date	Application method	Precipitation 24 hours prior	Precipitation during application	Precipitation 24 hours following
08/23/2023	Sidedress	No precipitation	No precipitation	No precipitation

Source description	Material type	N (lbs/acre)	P (lbs/acre)	K (lbs/acre)	Salt (lbs/acre)	Amount
UN32	Solid commercial fertilizer	35.20	0.00	0.00	0.00	
Application event totals		35.20	0.00	0.00	0.00	

Application date	Application method	Precipitation 24 hours prior	Precipitation during application	Precipitation 24 hours following
08/23/2023	Surface (irrigation)	No precipitation	No precipitation	No precipitation

Source description	Material type	N (lbs/acre)	P (lbs/acre)	K (lbs/acre)	Salt (lbs/acre)	Amount
DW 15	Ground water	2.12	0.00	0.00	652.19	3,564,000.00 *gal*
Application event totals		2.12	0.00	0.00	652.19	

Application date	Application method	Precipitation 24 hours prior	Precipitation during application	Precipitation 24 hours following
09/09/2023	Surface (irrigation)	No precipitation	No precipitation	No precipitation

Source description	Material type	N (lbs/acre)	P (lbs/acre)	K (lbs/acre)	Salt (lbs/acre)	Amount
WWS	Process wastewater	109.82	21.28	106.85	473.88	375,000.00 *gal*
DW 15	Ground water	1.83	0.00	0.00	563.26	3,078,000.00 *gal*
Application event totals		111.65	21.28	106.85	1,037.13	

Application date	Application method	Precipitation 24 hours prior	Precipitation during application	Precipitation 24 hours following
09/29/2023	Surface (irrigation)	No precipitation	No precipitation	No precipitation

Source description	Material type	N (lbs/acre)	P (lbs/acre)	K (lbs/acre)	Salt (lbs/acre)	Amount
DW 15	Ground water	2.41	0.00	0.00	741.13	4,050,000.00 *gal*
Application event totals		2.41	0.00	0.00	741.13	

Field 25 - 11/04/2022: Wheat, silage, soft dough

Field name: Field 25

Crop: Wheat, silage, soft dough

Plant date: 11/04/2022

Application date	Application method	Precipitation 24 hours prior	Precipitation during application	Precipitation 24 hours following
01/25/2023	Surface (irrigation)	No precipitation	No precipitation	No precipitation

Source description	Material type	N (lbs/acre)	P (lbs/acre)	K (lbs/acre)	Salt (lbs/acre)	Amount
WWS	Process wastewater	125.76	156.69	10.46	1,022.02	600,000.00 *gal*
Application event totals		125.76	156.69	10.46	1,022.02	

Annual Report - General Order No. R5-2007-0035
Reporting period 01/01/2023 to 12/31/2023.

Field 25 - 11/04/2022: Wheat, silage, soft dough

Application date	Application method	Precipitation 24 hours prior	Precipitation during application	Precipitation 24 hours following
03/27/2023	Surface (irrigation)	No precipitation	No precipitation	No precipitation

Source description	Material type	N (lbs/acre)	P (lbs/acre)	K (lbs/acre)	Salt (lbs/acre)	Amount
WWS	Process wastewater	106.90	133.19	8.89	868.71	510,000.00 *gal*
Application event totals		106.90	133.19	8.89	868.71	

Field 25 - 07/30/2023: Corn, silage

Field name: Field 25

Crop: Corn, silage

Plant date: 07/30/2023

Application date	Application method	Precipitation 24 hours prior	Precipitation during application	Precipitation 24 hours following
07/13/2023	Surface (irrigation)	No precipitation	No precipitation	No precipitation

Source description	Material type	N (lbs/acre)	P (lbs/acre)	K (lbs/acre)	Salt (lbs/acre)	Amount
WWS	Process wastewater	94.06	18.23	91.51	405.86	390,000.00 *gal*
DW 15	Ground water	2.04	0.00	0.00	626.61	4,158,000.00 *gal*
Application event totals		96.10	18.23	91.51	1,032.48	

08/26/2023	Sidedress	No precipitation	No precipitation	No precipitation

Source description	Material type	N (lbs/acre)	P (lbs/acre)	K (lbs/acre)	Salt (lbs/acre)	Amount
UN32	Solid commercial fertilizer	35.20	0.00	0.00	0.00	
Application event totals		35.20	0.00	0.00	0.00	

08/26/2023	Surface (irrigation)	No precipitation	No precipitation	No precipitation

Source description	Material type	N (lbs/acre)	P (lbs/acre)	K (lbs/acre)	Salt (lbs/acre)	Amount
DW 15	Ground water	1.64	0.00	0.00	504.55	3,348,000.00 *gal*
Application event totals		1.64	0.00	0.00	504.55	

09/06/2023	Surface (irrigation)	No precipitation	No precipitation	No precipitation

Source description	Material type	N (lbs/acre)	P (lbs/acre)	K (lbs/acre)	Salt (lbs/acre)	Amount
DW 15	Ground water	1.94	0.00	0.00	594.06	3,942,000.00 *gal*
Application event totals		1.94	0.00	0.00	594.06	

Annual Report - General Order No. R5-2007-0035
Reporting period 01/01/2023 to 12/31/2023.

Field 25 - 07/30/2023: Corn, silage

Application date	Application method	Precipitation 24 hours prior	Precipitation during application	Precipitation 24 hours following
09/22/2023	Surface (irrigation)	No precipitation	No precipitation	No precipitation

Source description	Material type	N (lbs/acre)	P (lbs/acre)	K (lbs/acre)	Salt (lbs/acre)	Amount
DW 15	Ground water	2.17	0.00	0.00	667.30	4,428,000.00 *gal*
Application event totals		2.17	0.00	0.00	667.30	

Field 26 - 11/04/2022: Wheat, silage, soft dough

Field name: Field 26

Crop: Wheat, silage, soft dough

Plant date: 11/04/2022

Application date	Application method	Precipitation 24 hours prior	Precipitation during application	Precipitation 24 hours following
02/11/2023	Surface (irrigation)	No precipitation	No precipitation	No precipitation

Source description	Material type	N (lbs/acre)	P (lbs/acre)	K (lbs/acre)	Salt (lbs/acre)	Amount
WWS	Process wastewater	117.59	146.50	9.78	955.59	330,000.00 *gal*
Application event totals		117.59	146.50	9.78	955.59	

Field 27 - 11/03/2022: Wheat, silage, soft dough

Field name: Field 27

Crop: Wheat, silage, soft dough

Plant date: 11/03/2022

Application date	Application method	Precipitation 24 hours prior	Precipitation during application	Precipitation 24 hours following
02/11/2023	Surface (irrigation)	No precipitation	No precipitation	No precipitation

Source description	Material type	N (lbs/acre)	P (lbs/acre)	K (lbs/acre)	Salt (lbs/acre)	Amount
WWS	Process wastewater	160.35	199.78	13.33	1,303.07	270,000.00 *gal*
Application event totals		160.35	199.78	13.33	1,303.07	

Field 27 - 06/24/2023: Corn, silage

Field name: Field 27

Crop: Corn, silage

Plant date: 06/24/2023

Annual Report - General Order No. R5-2007-0035
Reporting period 01/01/2023 to 12/31/2023.

Field 27 - 06/24/2023: Corn, silage

Application date	Application method	Precipitation 24 hours prior	Precipitation during application	Precipitation 24 hours following
06/06/2023	Surface (irrigation)	No precipitation	No precipitation	No precipitation

Source description	Material type	N (lbs/acre)	P (lbs/acre)	K (lbs/acre)	Salt (lbs/acre)	Amount
GV Canal E	Surface water	2.09	0.00	0.00	154.93	1,505,280.00 *gal*
Application event totals		2.09	0.00	0.00	154.93	

Application date	Application method	Precipitation 24 hours prior	Precipitation during application	Precipitation 24 hours following
07/21/2023	Sidedress	No precipitation	No precipitation	No precipitation

Source description	Material type	N (lbs/acre)	P (lbs/acre)	K (lbs/acre)	Salt (lbs/acre)	Amount
UN32	Solid commercial fertilizer	35.20	0.00	0.00	0.00	
Application event totals		35.20	0.00	0.00	0.00	

Application date	Application method	Precipitation 24 hours prior	Precipitation during application	Precipitation 24 hours following
07/21/2023	Surface (irrigation)	No precipitation	No precipitation	No precipitation

Source description	Material type	N (lbs/acre)	P (lbs/acre)	K (lbs/acre)	Salt (lbs/acre)	Amount
GV Canal E	Surface water	1.72	0.00	0.00	127.26	1,236,480.00 *gal*
Application event totals		1.72	0.00	0.00	127.26	

Application date	Application method	Precipitation 24 hours prior	Precipitation during application	Precipitation 24 hours following
08/04/2023	Surface (irrigation)	No precipitation	No precipitation	No precipitation

Source description	Material type	N (lbs/acre)	P (lbs/acre)	K (lbs/acre)	Salt (lbs/acre)	Amount
GV Canal E	Surface water	1.94	0.00	0.00	143.86	1,397,760.00 *gal*
Application event totals		1.94	0.00	0.00	143.86	

Application date	Application method	Precipitation 24 hours prior	Precipitation during application	Precipitation 24 hours following
08/18/2023	Surface (irrigation)	No precipitation	No precipitation	No precipitation

Source description	Material type	N (lbs/acre)	P (lbs/acre)	K (lbs/acre)	Salt (lbs/acre)	Amount
WWS	Process wastewater	215.24	41.71	209.42	928.80	315,000.00 *gal*
GV Canal E	Surface water	1.57	0.00	0.00	116.19	1,128,960.00 *gal*
Application event totals		216.81	41.71	209.42	1,044.99	

Application date	Application method	Precipitation 24 hours prior	Precipitation during application	Precipitation 24 hours following
09/01/2023	Surface (irrigation)	No precipitation	No precipitation	No precipitation

Source description	Material type	N (lbs/acre)	P (lbs/acre)	K (lbs/acre)	Salt (lbs/acre)	Amount
GV Canal E	Surface water	1.64	0.00	0.00	121.73	1,182,720.00 *gal*
Application event totals		1.64	0.00	0.00	121.73	

Annual Report - General Order No. R5-2007-0035
Reporting period 01/01/2023 to 12/31/2023.

Field 28 - 11/05/2022: Wheat, silage, soft dough

Field name: Field 28

Crop: Wheat, silage, soft dough

Plant date: 11/05/2022

Application date	Application method	Precipitation 24 hours prior	Precipitation during application	Precipitation 24 hours following
02/27/2023	Surface (irrigation)	No precipitation	No precipitation	No precipitation

Source description	Material type	N (lbs/acre)	P (lbs/acre)	K (lbs/acre)	Salt (lbs/acre)	Amount
WWS	Process wastewater	125.23	156.02	10.41	1,017.64	1,230,000.00 *gal*
Application event totals		125.23	156.02	10.41	1,017.64	

Field 28 - 06/28/2023: Corn, silage

Field name: Field 28

Crop: Corn, silage

Plant date: 06/28/2023

Application date	Application method	Precipitation 24 hours prior	Precipitation during application	Precipitation 24 hours following
06/08/2023	Surface (irrigation)	No precipitation	No precipitation	No precipitation

Source description	Material type	N (lbs/acre)	P (lbs/acre)	K (lbs/acre)	Salt (lbs/acre)	Amount
GV Canal E	Surface water	1.69	0.00	0.00	125.21	7,096,320.00 *gal*
Application event totals		1.69	0.00	0.00	125.21	

07/23/2023	Sidedress	No precipitation	No precipitation	No precipitation

Source description	Material type	N (lbs/acre)	P (lbs/acre)	K (lbs/acre)	Salt (lbs/acre)	Amount
UN32	Solid commercial fertilizer	35.20	0.00	0.00	0.00	
Application event totals		35.20	0.00	0.00	0.00	

07/23/2023	Surface (irrigation)	No precipitation	No precipitation	No precipitation

Source description	Material type	N (lbs/acre)	P (lbs/acre)	K (lbs/acre)	Salt (lbs/acre)	Amount
GV Canal E	Surface water	1.79	0.00	0.00	132.79	7,526,400.00 *gal*
Application event totals		1.79	0.00	0.00	132.79	

Annual Report - General Order No. R5-2007-0035
Reporting period 01/01/2023 to 12/31/2023.

Field 28 - 06/28/2023: Corn, silage

Application date	Application method	Precipitation 24 hours prior	Precipitation during application	Precipitation 24 hours following
08/06/2023	Surface (irrigation)	No precipitation	No precipitation	No precipitation

Source description	Material type	N (lbs/acre)	P (lbs/acre)	K (lbs/acre)	Salt (lbs/acre)	Amount
GV Canal E	Surface water	1.82	0.00	0.00	134.69	7,633,920.00 *gal*
Application event totals		1.82	0.00	0.00	134.69	

Application date	Application method	Precipitation 24 hours prior	Precipitation during application	Precipitation 24 hours following
08/20/2023	Surface (irrigation)	No precipitation	No precipitation	No precipitation

Source description	Material type	N (lbs/acre)	P (lbs/acre)	K (lbs/acre)	Salt (lbs/acre)	Amount
WWS	Process wastewater	168.68	32.69	164.12	727.87	1,440,000.00 *gal*
GV Canal E	Surface water	1.86	0.00	0.00	137.54	7,795,200.00 *gal*
Application event totals		170.54	32.69	164.12	865.41	

Application date	Application method	Precipitation 24 hours prior	Precipitation during application	Precipitation 24 hours following
09/20/2023	Surface (irrigation)	No precipitation	No precipitation	No precipitation

Source description	Material type	N (lbs/acre)	P (lbs/acre)	K (lbs/acre)	Salt (lbs/acre)	Amount
GV Canal E	Surface water	1.62	0.00	0.00	119.51	6,773,760.00 *gal*
Application event totals		1.62	0.00	0.00	119.51	

Field 29 - 11/04/2022: Wheat, silage, soft dough

Field name: Field 29

Crop: Wheat, silage, soft dough Plant date: 11/04/2022

Application date	Application method	Precipitation 24 hours prior	Precipitation during application	Precipitation 24 hours following
03/02/2023	Surface (irrigation)	No precipitation	No precipitation	No precipitation

Source description	Material type	N (lbs/acre)	P (lbs/acre)	K (lbs/acre)	Salt (lbs/acre)	Amount
WWS	Process wastewater	144.83	180.45	12.04	1,176.97	1,260,000.00 *gal*
Application event totals		144.83	180.45	12.04	1,176.97	

Field 29 - 06/01/2023: Corn, silage

Field name: Field 29

Crop: Corn, silage Plant date: 06/01/2023

Annual Report - General Order No. R5-2007-0035
Reporting period 01/01/2023 to 12/31/2023.

Field 29 - 06/01/2023: Corn, silage

Application date	Application method	Precipitation 24 hours prior	Precipitation during application	Precipitation 24 hours following
05/13/2023	Surface (irrigation)	No precipitation	No precipitation	No precipitation

Source description	Material type	N (lbs/acre)	P (lbs/acre)	K (lbs/acre)	Salt (lbs/acre)	Amount
GV Canal E	Surface water	1.88	0.00	0.00	139.22	6,988,800.00 *gal*
Application event totals		1.88	0.00	0.00	139.22	

Application date	Application method	Precipitation 24 hours prior	Precipitation during application	Precipitation 24 hours following
06/28/2023	Sidedress	No precipitation	No precipitation	No precipitation

Source description	Material type	N (lbs/acre)	P (lbs/acre)	K (lbs/acre)	Salt (lbs/acre)	Amount
UN32	Solid commercial fertilizer	35.20	0.00	0.00	0.00	
Application event totals		35.20	0.00	0.00	0.00	

Application date	Application method	Precipitation 24 hours prior	Precipitation during application	Precipitation 24 hours following
06/28/2023	Surface (irrigation)	No precipitation	No precipitation	No precipitation

Source description	Material type	N (lbs/acre)	P (lbs/acre)	K (lbs/acre)	Salt (lbs/acre)	Amount
GV Canal E	Surface water	1.82	0.00	0.00	134.94	6,773,760.00 *gal*
Application event totals		1.82	0.00	0.00	134.94	

Application date	Application method	Precipitation 24 hours prior	Precipitation during application	Precipitation 24 hours following
07/10/2023	Surface (irrigation)	No precipitation	No precipitation	No precipitation

Source description	Material type	N (lbs/acre)	P (lbs/acre)	K (lbs/acre)	Salt (lbs/acre)	Amount
GV Canal E	Surface water	0.98	0.00	0.00	72.82	3,655,680.00 *gal*
Application event totals		0.98	0.00	0.00	72.82	

Application date	Application method	Precipitation 24 hours prior	Precipitation during application	Precipitation 24 hours following
07/21/2023	Surface (irrigation)	No precipitation	No precipitation	No precipitation

Source description	Material type	N (lbs/acre)	P (lbs/acre)	K (lbs/acre)	Salt (lbs/acre)	Amount
GV Canal E	Surface water	1.62	0.00	0.00	119.94	6,021,120.00 *gal*
Application event totals		1.62	0.00	0.00	119.94	

Application date	Application method	Precipitation 24 hours prior	Precipitation during application	Precipitation 24 hours following
08/06/2023	Surface (irrigation)	No precipitation	No precipitation	No precipitation

Source description	Material type	N (lbs/acre)	P (lbs/acre)	K (lbs/acre)	Salt (lbs/acre)	Amount
WWS	Process wastewater	222.19	43.05	216.17	958.76	1,680,000.00 *gal*
GV Canal E	Surface water	1.42	0.00	0.00	104.95	5,268,480.00 *gal*
Application event totals		223.61	43.05	216.17	1,063.71	

Annual Report - General Order No. R5-2007-0035
Reporting period 01/01/2023 to 12/31/2023.

Field 29 - 06/01/2023: Corn, silage

Application date	Application method	Precipitation 24 hours prior	Precipitation during application	Precipitation 24 hours following
08/21/2023	Surface (irrigation)	No precipitation	No precipitation	No precipitation

Source description	Material type	N (lbs/acre)	P (lbs/acre)	K (lbs/acre)	Salt (lbs/acre)	Amount
GV Canal E	Surface water	1.13	0.00	0.00	83.53	4,193,280.00 *gal*
Application event totals		1.13	0.00	0.00	83.53	

Field 3 - 11/05/2022: Wheat Hay

Field name: Field 3

Crop: Wheat Hay Plant date: 11/05/2022

Application date	Application method	Precipitation 24 hours prior	Precipitation during application	Precipitation 24 hours following
10/08/2022	Broadcast/incorporate	No precipitation	No precipitation	No precipitation

Source description	Material type	N (lbs/acre)	P (lbs/acre)	K (lbs/acre)	Salt (lbs/acre)	Amount
Separator Solids	Separator solids	100.05	20.56	28.47	0.00	270.00 *ton*
Application event totals		100.05	20.56	28.47	0.00	

Field 3 - 07/05/2023: Corn, silage

Field name: Field 3

Crop: Corn, silage Plant date: 07/05/2023

Application date	Application method	Precipitation 24 hours prior	Precipitation during application	Precipitation 24 hours following
06/18/2023	Broadcast/incorporate	No precipitation	No precipitation	No precipitation

Source description	Material type	N (lbs/acre)	P (lbs/acre)	K (lbs/acre)	Salt (lbs/acre)	Amount
Separator Solids	Separator solids	150.84	52.80	73.54	15,386.11	504.00 *ton*
Application event totals		150.84	52.80	73.54	15,386.11	

Annual Report - General Order No. R5-2007-0035
Reporting period 01/01/2023 to 12/31/2023.

Field 3 - 07/05/2023: Corn, silage

Application date	Application method	Precipitation 24 hours prior	Precipitation during application	Precipitation 24 hours following
06/18/2023	Surface (irrigation)	No precipitation	No precipitation	No precipitation

Source description	Material type	N (lbs/acre)	P (lbs/acre)	K (lbs/acre)	Salt (lbs/acre)	Amount
GV Canal E	Surface water	1.74	0.00	0.00	128.89	7,096,320.00 *gal*
Application event totals		1.74	0.00	0.00	128.89	

Application date	Application method	Precipitation 24 hours prior	Precipitation during application	Precipitation 24 hours following
08/03/2023	Surface (irrigation)	No precipitation	No precipitation	No precipitation

Source description	Material type	N (lbs/acre)	P (lbs/acre)	K (lbs/acre)	Salt (lbs/acre)	Amount
GV Canal E	Surface water	2.16	0.00	0.00	160.13	8,816,640.00 *gal*
Application event totals		2.16	0.00	0.00	160.13	

Application date	Application method	Precipitation 24 hours prior	Precipitation during application	Precipitation 24 hours following
08/16/2023	Sidedress	No precipitation	No precipitation	No precipitation

Source description	Material type	N (lbs/acre)	P (lbs/acre)	K (lbs/acre)	Salt (lbs/acre)	Amount
UN32	Solid commercial fertilizer	35.20	0.00	0.00	0.00	
Application event totals		35.20	0.00	0.00	0.00	

Application date	Application method	Precipitation 24 hours prior	Precipitation during application	Precipitation 24 hours following
08/16/2023	Surface (irrigation)	No precipitation	No precipitation	No precipitation

Source description	Material type	N (lbs/acre)	P (lbs/acre)	K (lbs/acre)	Salt (lbs/acre)	Amount
GV Canal E	Surface water	1.43	0.00	0.00	105.45	5,806,080.00 *gal*
Application event totals		1.43	0.00	0.00	105.45	

Application date	Application method	Precipitation 24 hours prior	Precipitation during application	Precipitation 24 hours following
08/30/2023	Surface (irrigation)	No precipitation	No precipitation	No precipitation

Source description	Material type	N (lbs/acre)	P (lbs/acre)	K (lbs/acre)	Salt (lbs/acre)	Amount
GV Canal E	Surface water	1.58	0.00	0.00	117.17	6,451,200.00 *gal*
Application event totals		1.58	0.00	0.00	117.17	

Application date	Application method	Precipitation 24 hours prior	Precipitation during application	Precipitation 24 hours following
09/18/2023	Surface (irrigation)	No precipitation	No precipitation	No precipitation

Source description	Material type	N (lbs/acre)	P (lbs/acre)	K (lbs/acre)	Salt (lbs/acre)	Amount
GV Canal E	Surface water	1.77	0.00	0.00	130.84	7,203,840.00 *gal*
Application event totals		1.77	0.00	0.00	130.84	

Field 30 - 11/03/2022: Wheat, silage, soft dough

Annual Report - General Order No. R5-2007-0035
Reporting period 01/01/2023 to 12/31/2023.

Field 30 - 11/03/2022: Wheat, silage, soft dough

Field name: Field 30

Crop: Wheat, silage, soft dough

Plant date: 11/03/2022

Application date	Application method	Precipitation 24 hours prior	Precipitation during application	Precipitation 24 hours following
12/16/2022	Surface (irrigation)	No precipitation	No precipitation	No precipitation

Source description	Material type	N (lbs/acre)	P (lbs/acre)	K (lbs/acre)	Salt (lbs/acre)	Amount
WWS	Process wastewater	102.53	13.46	142.38	773.81	255,000.00 *gal*
Application event totals		102.53	13.46	142.38	773.81	

Field 30 - 06/29/2023: Corn, silage

Field name: Field 30

Crop: Corn, silage

Plant date: 06/29/2023

Application date	Application method	Precipitation 24 hours prior	Precipitation during application	Precipitation 24 hours following
06/05/2023	Surface (irrigation)	No precipitation	No precipitation	No precipitation

Source description	Material type	N (lbs/acre)	P (lbs/acre)	K (lbs/acre)	Salt (lbs/acre)	Amount
GV Canal E	Surface water	1.47	0.00	0.00	108.65	1,935,360.00 *gal*
Application event totals		1.47	0.00	0.00	108.65	

Application date	Application method	Precipitation 24 hours prior	Precipitation during application	Precipitation 24 hours following
07/25/2023	Sidedress	No precipitation	No precipitation	No precipitation

Source description	Material type	N (lbs/acre)	P (lbs/acre)	K (lbs/acre)	Salt (lbs/acre)	Amount
UN32	Solid commercial fertilizer	35.20	0.00	0.00	0.00	
Application event totals		35.20	0.00	0.00	0.00	

Application date	Application method	Precipitation 24 hours prior	Precipitation during application	Precipitation 24 hours following
07/25/2023	Surface (irrigation)	No precipitation	No precipitation	No precipitation

Source description	Material type	N (lbs/acre)	P (lbs/acre)	K (lbs/acre)	Salt (lbs/acre)	Amount
GV Canal E	Surface water	1.55	0.00	0.00	114.69	2,042,880.00 *gal*
Application event totals		1.55	0.00	0.00	114.69	

Annual Report - General Order No. R5-2007-0035
Reporting period 01/01/2023 to 12/31/2023.

Field 30 - 06/29/2023: Corn, silage

Application date	Application method	Precipitation 24 hours prior	Precipitation during application	Precipitation 24 hours following
07/27/2023	Surface (irrigation)	No precipitation	No precipitation	No precipitation

Source description	Material type	N (lbs/acre)	P (lbs/acre)	K (lbs/acre)	Salt (lbs/acre)	Amount
DW 34	Ground water	11.18	0.00	0.00	487.50	1,260,000.00 *gal*
Application event totals		11.18	0.00	0.00	487.50	

Application date	Application method	Precipitation 24 hours prior	Precipitation during application	Precipitation 24 hours following
08/04/2023	Surface (irrigation)	No precipitation	No precipitation	No precipitation

Source description	Material type	N (lbs/acre)	P (lbs/acre)	K (lbs/acre)	Salt (lbs/acre)	Amount
WWS	Process wastewater	78.27	15.17	76.15	337.74	210,000.00 *gal*
DW 34	Ground water	15.98	0.00	0.00	696.43	1,800,000.00 *gal*
Application event totals		94.25	15.17	76.15	1,034.17	

Application date	Application method	Precipitation 24 hours prior	Precipitation during application	Precipitation 24 hours following
08/23/2023	Surface (irrigation)	No precipitation	No precipitation	No precipitation

Source description	Material type	N (lbs/acre)	P (lbs/acre)	K (lbs/acre)	Salt (lbs/acre)	Amount
DW 34	Ground water	13.58	0.00	0.00	591.96	1,530,000.00 *gal*
Application event totals		13.58	0.00	0.00	591.96	

Application date	Application method	Precipitation 24 hours prior	Precipitation during application	Precipitation 24 hours following
09/05/2023	Surface (irrigation)	No precipitation	No precipitation	No precipitation

Source description	Material type	N (lbs/acre)	P (lbs/acre)	K (lbs/acre)	Salt (lbs/acre)	Amount
GV Canal E	Surface water	1.22	0.00	0.00	90.54	1,612,800.00 *gal*
Application event totals		1.22	0.00	0.00	90.54	

Application date	Application method	Precipitation 24 hours prior	Precipitation during application	Precipitation 24 hours following
09/17/2023	Surface (irrigation)	No precipitation	No precipitation	No precipitation

Source description	Material type	N (lbs/acre)	P (lbs/acre)	K (lbs/acre)	Salt (lbs/acre)	Amount
GV Canal E	Surface water	1.06	0.00	0.00	78.47	1,397,760.00 *gal*
Application event totals		1.06	0.00	0.00	78.47	

Field 31 - 11/03/2022: Wheat, silage, soft dough

Field name: Field 31

Crop: Wheat, silage, soft dough

Plant date: 11/03/2022

Application date	Application method	Precipitation 24 hours prior	Precipitation during application	Precipitation 24 hours following

Annual Report - General Order No. R5-2007-0035
Reporting period 01/01/2023 to 12/31/2023.

Field 31 - 11/03/2022: Wheat, silage, soft dough

Application date	Application method	Precipitation 24 hours prior	Precipitation during application	Precipitation 24 hours following
12/16/2022	Surface (irrigation)	No precipitation	No precipitation	No precipitation

Source description	Material type	N (lbs/acre)	P (lbs/acre)	K (lbs/acre)	Salt (lbs/acre)	Amount
WWS	Process wastewater	110.57	14.52	153.55	834.50	300,000.00 *gal*
Application event totals		110.57	14.52	153.55	834.50	

Field 31 - 06/07/2023: Corn, silage

Field name: Field 31

Crop: Corn, silage

Plant date: 06/07/2023

Application date	Application method	Precipitation 24 hours prior	Precipitation during application	Precipitation 24 hours following
05/18/2023	Surface (irrigation)	No precipitation	No precipitation	No precipitation

Source description	Material type	N (lbs/acre)	P (lbs/acre)	K (lbs/acre)	Salt (lbs/acre)	Amount
DW 34	Ground water	16.84	0.00	0.00	734.15	2,070,000.00 *gal*
Application event totals		16.84	0.00	0.00	734.15	

07/04/2023	Sidedress	No precipitation	No precipitation	No precipitation

Source description	Material type	N (lbs/acre)	P (lbs/acre)	K (lbs/acre)	Salt (lbs/acre)	Amount
UN32	Solid commercial fertilizer	35.20	0.00	0.00	0.00	
Application event totals		35.20	0.00	0.00	0.00	

07/04/2023	Surface (irrigation)	No precipitation	No precipitation	No precipitation

Source description	Material type	N (lbs/acre)	P (lbs/acre)	K (lbs/acre)	Salt (lbs/acre)	Amount
GV Canal E	Surface water	1.35	0.00	0.00	99.60	1,935,360.00 *gal*
Application event totals		1.35	0.00	0.00	99.60	

07/14/2023	Surface (irrigation)	No precipitation	No precipitation	No precipitation

Source description	Material type	N (lbs/acre)	P (lbs/acre)	K (lbs/acre)	Salt (lbs/acre)	Amount
GV Canal E	Surface water	1.01	0.00	0.00	74.70	1,451,520.00 *gal*
Application event totals		1.01	0.00	0.00	74.70	

Annual Report - General Order No. R5-2007-0035
Reporting period 01/01/2023 to 12/31/2023.

Field 31 - 06/07/2023: Corn, silage

Application date	Application method	Precipitation 24 hours prior	Precipitation during application	Precipitation 24 hours following
07/27/2023	Surface (irrigation)	No precipitation	No precipitation	No precipitation

Source description	Material type	N (lbs/acre)	P (lbs/acre)	K (lbs/acre)	Salt (lbs/acre)	Amount
GV Canal E	Surface water	1.20	0.00	0.00	88.53	1,720,320.00 *gal*
Application event totals		1.20	0.00	0.00	88.53	

Application date	Application method	Precipitation 24 hours prior	Precipitation during application	Precipitation 24 hours following
08/05/2023	Surface (irrigation)	No precipitation	No precipitation	No precipitation

Source description	Material type	N (lbs/acre)	P (lbs/acre)	K (lbs/acre)	Salt (lbs/acre)	Amount
WWS	Process wastewater	97.37	18.87	94.74	420.17	285,000.00 *gal*
DW 34	Ground water	17.57	0.00	0.00	766.07	2,160,000.00 *gal*
Application event totals		114.95	18.87	94.74	1,186.24	

Application date	Application method	Precipitation 24 hours prior	Precipitation during application	Precipitation 24 hours following
08/25/2023	Surface (irrigation)	No precipitation	No precipitation	No precipitation

Source description	Material type	N (lbs/acre)	P (lbs/acre)	K (lbs/acre)	Salt (lbs/acre)	Amount
DW 34	Ground water	15.74	0.00	0.00	686.27	1,935,000.00 *gal*
Application event totals		15.74	0.00	0.00	686.27	

Application date	Application method	Precipitation 24 hours prior	Precipitation during application	Precipitation 24 hours following
09/03/2023	Surface (irrigation)	No precipitation	No precipitation	No precipitation

Source description	Material type	N (lbs/acre)	P (lbs/acre)	K (lbs/acre)	Salt (lbs/acre)	Amount
GV Canal E	Surface water	1.05	0.00	0.00	77.46	1,505,280.00 *gal*
Application event totals		1.05	0.00	0.00	77.46	

Field 32 - 11/04/2022: Wheat, silage, soft dough

Field name: Field 32

Crop: Wheat, silage, soft dough

Plant date: 11/04/2022

Application date	Application method	Precipitation 24 hours prior	Precipitation during application	Precipitation 24 hours following
10/15/2022	Broadcast/incorporate	No precipitation	No precipitation	No precipitation

Source description	Material type	N (lbs/acre)	P (lbs/acre)	K (lbs/acre)	Salt (lbs/acre)	Amount
Corral Manure	Corral solids	207.13	69.04	389.26	0.00	56.00 *ton*
Application event totals		207.13	69.04	389.26	0.00	

Annual Report - General Order No. R5-2007-0035
Reporting period 01/01/2023 to 12/31/2023.

Field 32 - 06/29/2023: Corn, silage

Field name: Field 32

Crop: Corn, silage

Plant date: 06/29/2023

Application date	Application method	Precipitation 24 hours prior	Precipitation during application	Precipitation 24 hours following
06/05/2023	Surface (irrigation)	No precipitation	No precipitation	No precipitation

Source description	Material type	N (lbs/acre)	P (lbs/acre)	K (lbs/acre)	Salt (lbs/acre)	Amount
GV Canal E	Surface water	1.67	0.00	0.00	123.31	1,397,760.00 *gal*
Application event totals		1.67	0.00	0.00	123.31	

Application date	Application method	Precipitation 24 hours prior	Precipitation during application	Precipitation 24 hours following
07/29/2023	Sidedress	No precipitation	No precipitation	No precipitation

Source description	Material type	N (lbs/acre)	P (lbs/acre)	K (lbs/acre)	Salt (lbs/acre)	Amount
UN32	Solid commercial fertilizer	35.20	0.00	0.00	0.00	
Application event totals		35.20	0.00	0.00	0.00	

Application date	Application method	Precipitation 24 hours prior	Precipitation during application	Precipitation 24 hours following
07/29/2023	Surface (irrigation)	No precipitation	No precipitation	No precipitation

Source description	Material type	N (lbs/acre)	P (lbs/acre)	K (lbs/acre)	Salt (lbs/acre)	Amount
GV Canal E	Surface water	1.47	0.00	0.00	109.08	1,236,480.00 *gal*
Application event totals		1.47	0.00	0.00	109.08	

Application date	Application method	Precipitation 24 hours prior	Precipitation during application	Precipitation 24 hours following
08/09/2023	Surface (irrigation)	No precipitation	No precipitation	No precipitation

Source description	Material type	N (lbs/acre)	P (lbs/acre)	K (lbs/acre)	Salt (lbs/acre)	Amount
GV Canal E	Surface water	1.28	0.00	0.00	94.85	1,075,200.00 *gal*
Application event totals		1.28	0.00	0.00	94.85	

Application date	Application method	Precipitation 24 hours prior	Precipitation during application	Precipitation 24 hours following
08/20/2023	Surface (irrigation)	No precipitation	No precipitation	No precipitation

Source description	Material type	N (lbs/acre)	P (lbs/acre)	K (lbs/acre)	Salt (lbs/acre)	Amount
WWS	Process wastewater	87.85	17.02	85.48	379.10	150,000.00 *gal*
GV Canal E	Surface water	1.54	0.00	0.00	113.82	1,290,240.00 *gal*
Application event totals		89.39	17.02	85.48	492.92	

Annual Report - General Order No. R5-2007-0035
Reporting period 01/01/2023 to 12/31/2023.

Field 32 - 06/29/2023: Corn, silage

Application date	Application method	Precipitation 24 hours prior	Precipitation during application	Precipitation 24 hours following
09/01/2023	Surface (irrigation)	No precipitation	No precipitation	No precipitation

Source description	Material type	N (lbs/acre)	P (lbs/acre)	K (lbs/acre)	Salt (lbs/acre)	Amount
GV Canal E	Surface water	1.35	0.00	0.00	99.60	1,128,960.00 *gal*
Application event totals		1.35	0.00	0.00	99.60	

Application date	Application method	Precipitation 24 hours prior	Precipitation during application	Precipitation 24 hours following
09/18/2023	Surface (irrigation)	No precipitation	No precipitation	No precipitation

Source description	Material type	N (lbs/acre)	P (lbs/acre)	K (lbs/acre)	Salt (lbs/acre)	Amount
GV Canal E	Surface water	1.73	0.00	0.00	128.05	1,451,520.00 *gal*
Application event totals		1.73	0.00	0.00	128.05	

Field 33 - 11/03/2022: Wheat, silage, soft dough

Field name: Field 33

Crop: Wheat, silage, soft dough Plant date: 11/03/2022

Application date	Application method	Precipitation 24 hours prior	Precipitation during application	Precipitation 24 hours following
10/15/2022	Broadcast/incorporate	No precipitation	No precipitation	No precipitation

Source description	Material type	N (lbs/acre)	P (lbs/acre)	K (lbs/acre)	Salt (lbs/acre)	Amount
Corral Manure	Corral solids	219.31	73.10	412.16	0.00	144.00 *ton*
Application event totals		219.31	73.10	412.16	0.00	

Field 33 - 06/01/2023: Corn, silage

Field name: Field 33

Crop: Corn, silage Plant date: 06/01/2023

Application date	Application method	Precipitation 24 hours prior	Precipitation during application	Precipitation 24 hours following

Annual Report - General Order No. R5-2007-0035
Reporting period 01/01/2023 to 12/31/2023.

Field 33 - 06/01/2023: Corn, silage

Application date	Application method	Precipitation 24 hours prior	Precipitation during application	Precipitation 24 hours following
05/17/2023	Surface (irrigation)	No precipitation	No precipitation	No precipitation

Source description	Material type	N (lbs/acre)	P (lbs/acre)	K (lbs/acre)	Salt (lbs/acre)	Amount
GV Canal E	Surface water	1.79	0.00	0.00	132.79	3,655,680.00 *gal*
Application event totals		1.79	0.00	0.00	132.79	

06/26/2023	Sidedress	No precipitation	No precipitation	No precipitation

Source description	Material type	N (lbs/acre)	P (lbs/acre)	K (lbs/acre)	Salt (lbs/acre)	Amount
UN32	Solid commercial fertilizer	35.20	0.00	0.00	0.00	
Application event totals		35.20	0.00	0.00	0.00	

06/26/2023	Surface (irrigation)	No precipitation	No precipitation	No precipitation

Source description	Material type	N (lbs/acre)	P (lbs/acre)	K (lbs/acre)	Salt (lbs/acre)	Amount
GV Canal E	Surface water	1.48	0.00	0.00	109.36	3,010,560.00 *gal*
Application event totals		1.48	0.00	0.00	109.36	

07/11/2023	Surface (irrigation)	No precipitation	No precipitation	No precipitation

Source description	Material type	N (lbs/acre)	P (lbs/acre)	K (lbs/acre)	Salt (lbs/acre)	Amount
GV Canal E	Surface water	1.58	0.00	0.00	117.17	3,225,600.00 *gal*
Application event totals		1.58	0.00	0.00	117.17	

07/26/2023	Surface (irrigation)	No precipitation	No precipitation	No precipitation

Source description	Material type	N (lbs/acre)	P (lbs/acre)	K (lbs/acre)	Salt (lbs/acre)	Amount
WWS	Process wastewater	144.70	28.04	140.79	624.40	600,000.00 *gal*
GV Canal E	Surface water	1.56	0.00	0.00	115.22	3,171,840.00 *gal*
Application event totals		146.26	28.04	140.79	739.62	

08/07/2023	Surface (irrigation)	No precipitation	No precipitation	No precipitation

Source description	Material type	N (lbs/acre)	P (lbs/acre)	K (lbs/acre)	Salt (lbs/acre)	Amount
GV Canal E	Surface water	1.24	0.00	0.00	91.78	2,526,720.00 *gal*
Application event totals		1.24	0.00	0.00	91.78	

Annual Report - General Order No. R5-2007-0035
Reporting period 01/01/2023 to 12/31/2023.

Field 33 - 06/01/2023: Corn, silage

Application date	Application method	Precipitation 24 hours prior	Precipitation during application	Precipitation 24 hours following
08/18/2023	Surface (irrigation)	No precipitation	No precipitation	No precipitation

Source description	Material type	N (lbs/acre)	P (lbs/acre)	K (lbs/acre)	Salt (lbs/acre)	Amount
GV Canal E	Surface water	1.11	0.00	0.00	82.02	2,257,920.00 *gal*
Application event totals		1.11	0.00	0.00	82.02	

Field 34 - 11/05/2022: Wheat, silage, soft dough

Field name: Field 34

Crop: Wheat, silage, soft dough Plant date: 11/05/2022

Application date	Application method	Precipitation 24 hours prior	Precipitation during application	Precipitation 24 hours following
12/19/2022	Surface (irrigation)	No precipitation	No precipitation	No precipitation

Source description	Material type	N (lbs/acre)	P (lbs/acre)	K (lbs/acre)	Salt (lbs/acre)	Amount
WWS	Process wastewater	165.05	21.67	229.20	1,245.64	1,530,000.00 *gal*
Application event totals		165.05	21.67	229.20	1,245.64	

Field 34 - 06/12/2023: Corn, silage

Field name: Field 34

Crop: Corn, silage Plant date: 06/12/2023

Application date	Application method	Precipitation 24 hours prior	Precipitation during application	Precipitation 24 hours following
06/13/2023	Surface (irrigation)	No precipitation	No precipitation	No precipitation

Source description	Material type	N (lbs/acre)	P (lbs/acre)	K (lbs/acre)	Salt (lbs/acre)	Amount
GV Canal E	Surface water	1.66	0.00	0.00	123.08	8,171,520.00 *gal*
Application event totals		1.66	0.00	0.00	123.08	

Annual Report - General Order No. R5-2007-0035
Reporting period 01/01/2023 to 12/31/2023.

Field 34 - 06/12/2023: Corn, silage

Application date	Application method	Precipitation 24 hours prior	Precipitation during application	Precipitation 24 hours following
07/17/2023	Sidedress	No precipitation	No precipitation	No precipitation

Source description	Material type	N (lbs/acre)	P (lbs/acre)	K (lbs/acre)	Salt (lbs/acre)	Amount
UN32	Solid commercial fertilizer	35.20	0.00	0.00	0.00	
Application event totals		35.20	0.00	0.00	0.00	

Application date	Application method	Precipitation 24 hours prior	Precipitation during application	Precipitation 24 hours following
07/17/2023	Surface (irrigation)	No precipitation	No precipitation	No precipitation

Source description	Material type	N (lbs/acre)	P (lbs/acre)	K (lbs/acre)	Salt (lbs/acre)	Amount
DW 34	Ground water	21.86	0.00	0.00	952.92	9,180,000.00 *gal*
Application event totals		21.86	0.00	0.00	952.92	

Application date	Application method	Precipitation 24 hours prior	Precipitation during application	Precipitation 24 hours following
08/04/2023	Surface (irrigation)	No precipitation	No precipitation	No precipitation

Source description	Material type	N (lbs/acre)	P (lbs/acre)	K (lbs/acre)	Salt (lbs/acre)	Amount
WWS	Process wastewater	96.00	18.60	93.40	414.24	960,000.00 *gal*
DW 34	Ground water	18.22	0.00	0.00	794.10	7,650,000.00 *gal*
Application event totals		114.22	18.60	93.40	1,208.34	

Application date	Application method	Precipitation 24 hours prior	Precipitation during application	Precipitation 24 hours following
08/18/2023	Surface (irrigation)	No precipitation	No precipitation	No precipitation

Source description	Material type	N (lbs/acre)	P (lbs/acre)	K (lbs/acre)	Salt (lbs/acre)	Amount
GV Canal E	Surface water	1.40	0.00	0.00	103.64	6,881,280.00 *gal*
Application event totals		1.40	0.00	0.00	103.64	

Application date	Application method	Precipitation 24 hours prior	Precipitation during application	Precipitation 24 hours following
09/01/2023	Surface (irrigation)	No precipitation	No precipitation	No precipitation

Source description	Material type	N (lbs/acre)	P (lbs/acre)	K (lbs/acre)	Salt (lbs/acre)	Amount
GV Canal E	Surface water	1.29	0.00	0.00	95.55	6,343,680.00 *gal*
Application event totals		1.29	0.00	0.00	95.55	

Application date	Application method	Precipitation 24 hours prior	Precipitation during application	Precipitation 24 hours following
09/16/2023	Surface (irrigation)	No precipitation	No precipitation	No precipitation

Source description	Material type	N (lbs/acre)	P (lbs/acre)	K (lbs/acre)	Salt (lbs/acre)	Amount
GV Canal E	Surface water	1.25	0.00	0.00	92.31	6,128,640.00 *gal*
Application event totals		1.25	0.00	0.00	92.31	

Annual Report - General Order No. R5-2007-0035
Reporting period 01/01/2023 to 12/31/2023.

Field 35 - 11/05/2022: Wheat, silage, soft dough

Field name: Field 35

Crop: Wheat, silage, soft dough

Plant date: 11/05/2022

Application date	Application method	Precipitation 24 hours prior	Precipitation during application	Precipitation 24 hours following
12/21/2022	Surface (irrigation)	No precipitation	No precipitation	No precipitation

Source description	Material type	N (lbs/acre)	P (lbs/acre)	K (lbs/acre)	Salt (lbs/acre)	Amount
WWS	Process wastewater	103.20	13.55	143.31	778.87	420,000.00 *gal*
Application event totals		103.20	13.55	143.31	778.87	

Field 35 - 07/12/2023: Corn, silage

Field name: Field 35

Crop: Corn, silage

Plant date: 07/12/2023

Application date	Application method	Precipitation 24 hours prior	Precipitation during application	Precipitation 24 hours following
07/14/2023	Surface (irrigation)	No precipitation	No precipitation	No precipitation

Source description	Material type	N (lbs/acre)	P (lbs/acre)	K (lbs/acre)	Salt (lbs/acre)	Amount
GV Canal E	Surface water	1.84	0.00	0.00	136.48	3,978,240.00 *gal*
Application event totals		1.84	0.00	0.00	136.48	

Application date	Application method	Precipitation 24 hours prior	Precipitation during application	Precipitation 24 hours following
08/16/2023	Sidedress	No precipitation	No precipitation	No precipitation

Source description	Material type	N (lbs/acre)	P (lbs/acre)	K (lbs/acre)	Salt (lbs/acre)	Amount
UN32	Solid commercial fertilizer	35.20	0.00	0.00	0.00	
Application event totals		35.20	0.00	0.00	0.00	

Application date	Application method	Precipitation 24 hours prior	Precipitation during application	Precipitation 24 hours following
08/16/2023	Surface (irrigation)	No precipitation	No precipitation	No precipitation

Source description	Material type	N (lbs/acre)	P (lbs/acre)	K (lbs/acre)	Salt (lbs/acre)	Amount
GV Canal E	Surface water	2.09	0.00	0.00	154.93	4,515,840.00 *gal*
Application event totals		2.09	0.00	0.00	154.93	

Annual Report - General Order No. R5-2007-0035
Reporting period 01/01/2023 to 12/31/2023.

Field 35 - 07/12/2023: Corn, silage

Application date	Application method	Precipitation 24 hours prior	Precipitation during application	Precipitation 24 hours following
08/29/2023	Surface (irrigation)	No precipitation	No precipitation	No precipitation

Source description	Material type	N (lbs/acre)	P (lbs/acre)	K (lbs/acre)	Salt (lbs/acre)	Amount
GV Canal E	Surface water	1.57	0.00	0.00	116.19	3,386,880.00 *gal*
Application event totals		1.57	0.00	0.00	116.19	

Application date	Application method	Precipitation 24 hours prior	Precipitation during application	Precipitation 24 hours following
09/13/2023	Surface (irrigation)	No precipitation	No precipitation	No precipitation

Source description	Material type	N (lbs/acre)	P (lbs/acre)	K (lbs/acre)	Salt (lbs/acre)	Amount
WWS	Process wastewater	177.66	34.43	172.85	766.63	780,000.00 *gal*
GV Canal E	Surface water	1.62	0.00	0.00	119.88	3,494,400.00 *gal*
Application event totals		179.28	34.43	172.85	886.51	

Application date	Application method	Precipitation 24 hours prior	Precipitation during application	Precipitation 24 hours following
09/28/2023	Surface (irrigation)	No precipitation	No precipitation	No precipitation

Source description	Material type	N (lbs/acre)	P (lbs/acre)	K (lbs/acre)	Salt (lbs/acre)	Amount
GV Canal E	Surface water	0.95	0.00	0.00	70.09	2,042,880.00 *gal*
Application event totals		0.95	0.00	0.00	70.09	

Field 36 - 11/05/2022: Wheat, silage, soft dough

Field name: Field 36

Crop: Wheat, silage, soft dough Plant date: 11/05/2022

Application date	Application method	Precipitation 24 hours prior	Precipitation during application	Precipitation 24 hours following
12/22/2022	Surface (irrigation)	No precipitation	No precipitation	No precipitation

Source description	Material type	N (lbs/acre)	P (lbs/acre)	K (lbs/acre)	Salt (lbs/acre)	Amount
WWS	Process wastewater	117.08	15.37	162.58	883.59	450,000.00 *gal*
Application event totals		117.08	15.37	162.58	883.59	

Field 36 - 07/12/2023: Corn, silage

Field name: Field 36

Crop: Corn, silage Plant date: 07/12/2023

Annual Report - General Order No. R5-2007-0035
Reporting period 01/01/2023 to 12/31/2023.

Field 36 - 07/12/2023: Corn, silage

Application date	Application method	Precipitation 24 hours prior	Precipitation during application	Precipitation 24 hours following
07/16/2023	Surface (irrigation)	No precipitation	No precipitation	No precipitation

Source description	Material type	N (lbs/acre)	P (lbs/acre)	K (lbs/acre)	Salt (lbs/acre)	Amount
GV Canal E	Surface water	1.79	0.00	0.00	132.79	3,655,680.00 *gal*
Application event totals		1.79	0.00	0.00	132.79	

Application date	Application method	Precipitation 24 hours prior	Precipitation during application	Precipitation 24 hours following
08/18/2023	Sidedress	No precipitation	No precipitation	No precipitation

Source description	Material type	N (lbs/acre)	P (lbs/acre)	K (lbs/acre)	Salt (lbs/acre)	Amount
UN32	Solid commercial fertilizer	35.20	0.00	0.00	0.00	
Application event totals		35.20	0.00	0.00	0.00	

Application date	Application method	Precipitation 24 hours prior	Precipitation during application	Precipitation 24 hours following
08/18/2023	Surface (irrigation)	No precipitation	No precipitation	No precipitation

Source description	Material type	N (lbs/acre)	P (lbs/acre)	K (lbs/acre)	Salt (lbs/acre)	Amount
GV Canal E	Surface water	2.06	0.00	0.00	152.32	4,193,280.00 *gal*
Application event totals		2.06	0.00	0.00	152.32	

Application date	Application method	Precipitation 24 hours prior	Precipitation during application	Precipitation 24 hours following
08/31/2023	Surface (irrigation)	No precipitation	No precipitation	No precipitation

Source description	Material type	N (lbs/acre)	P (lbs/acre)	K (lbs/acre)	Salt (lbs/acre)	Amount
GV Canal E	Surface water	1.74	0.00	0.00	128.89	3,548,160.00 *gal*
Application event totals		1.74	0.00	0.00	128.89	

Application date	Application method	Precipitation 24 hours prior	Precipitation during application	Precipitation 24 hours following
09/15/2023	Surface (irrigation)	No precipitation	No precipitation	No precipitation

Source description	Material type	N (lbs/acre)	P (lbs/acre)	K (lbs/acre)	Salt (lbs/acre)	Amount
WWS	Process wastewater	144.70	28.04	140.79	624.40	600,000.00 *gal*
GV Canal E	Surface water	1.58	0.00	0.00	117.17	3,225,600.00 *gal*
Application event totals		146.29	28.04	140.79	741.57	

Application date	Application method	Precipitation 24 hours prior	Precipitation during application	Precipitation 24 hours following
09/29/2023	Surface (irrigation)	No precipitation	No precipitation	No precipitation

Source description	Material type	N (lbs/acre)	P (lbs/acre)	K (lbs/acre)	Salt (lbs/acre)	Amount
GV Canal E	Surface water	1.64	0.00	0.00	121.08	3,333,120.00 *gal*
Application event totals		1.64	0.00	0.00	121.08	

Annual Report - General Order No. R5-2007-0035
Reporting period 01/01/2023 to 12/31/2023.

Field 37 - 11/04/2022: Wheat, silage, soft dough

Field name: Field 37

Crop: Wheat, silage, soft dough

Plant date: 11/04/2022

Application date	Application method	Precipitation 24 hours prior	Precipitation during application	Precipitation 24 hours following
10/15/2022	Broadcast/incorporate	No precipitation	No precipitation	No precipitation

Source description	Material type	N (lbs/acre)	P (lbs/acre)	K (lbs/acre)	Salt (lbs/acre)	Amount
Separator Solids	Separator solids	111.17	22.85	31.64	0.00	150.00 *ton*
Application event totals		111.17	22.85	31.64	0.00	

Field 37 - 07/12/2023: Corn, silage

Field name: Field 37

Crop: Corn, silage

Plant date: 07/12/2023

Application date	Application method	Precipitation 24 hours prior	Precipitation during application	Precipitation 24 hours following
06/24/2023	Broadcast/incorporate	No precipitation	No precipitation	No precipitation

Source description	Material type	N (lbs/acre)	P (lbs/acre)	K (lbs/acre)	Salt (lbs/acre)	Amount
Separator Solids	Separator solids	97.57	34.15	47.57	9,952.13	163.00 *ton*
Application event totals		97.57	34.15	47.57	9,952.13	

Application date	Application method	Precipitation 24 hours prior	Precipitation during application	Precipitation 24 hours following
07/18/2023	Surface (irrigation)	No precipitation	No precipitation	No precipitation

Source description	Material type	N (lbs/acre)	P (lbs/acre)	K (lbs/acre)	Salt (lbs/acre)	Amount
GV Canal E	Surface water	1.69	0.00	0.00	124.98	3,440,640.00 *gal*
Application event totals		1.69	0.00	0.00	124.98	

Application date	Application method	Precipitation 24 hours prior	Precipitation during application	Precipitation 24 hours following
08/09/2023	Surface (irrigation)	No precipitation	No precipitation	No precipitation

Source description	Material type	N (lbs/acre)	P (lbs/acre)	K (lbs/acre)	Salt (lbs/acre)	Amount
GV Canal E	Surface water	1.58	0.00	0.00	117.17	3,225,600.00 *gal*
Application event totals		1.58	0.00	0.00	117.17	

Annual Report - General Order No. R5-2007-0035
Reporting period 01/01/2023 to 12/31/2023.

Field 37 - 07/12/2023: Corn, silage

Application date	Application method	Precipitation 24 hours prior	Precipitation during application	Precipitation 24 hours following
08/23/2023	Surface (irrigation)	No precipitation	No precipitation	No precipitation

Source description	Material type	N (lbs/acre)	P (lbs/acre)	K (lbs/acre)	Salt (lbs/acre)	Amount
GV Canal E	Surface water	1.37	0.00	0.00	101.55	2,795,520.00 *gal*
Application event totals		1.37	0.00	0.00	101.55	

Application date	Application method	Precipitation 24 hours prior	Precipitation during application	Precipitation 24 hours following
09/05/2023	Surface (irrigation)	No precipitation	No precipitation	No precipitation

Source description	Material type	N (lbs/acre)	P (lbs/acre)	K (lbs/acre)	Salt (lbs/acre)	Amount
GV Canal E	Surface water	1.56	0.00	0.00	115.22	3,171,840.00 *gal*
Application event totals		1.56	0.00	0.00	115.22	

Application date	Application method	Precipitation 24 hours prior	Precipitation during application	Precipitation 24 hours following
09/18/2023	Surface (irrigation)	No precipitation	No precipitation	No precipitation

Source description	Material type	N (lbs/acre)	P (lbs/acre)	K (lbs/acre)	Salt (lbs/acre)	Amount
GV Canal E	Surface water	1.53	0.00	0.00	113.27	3,118,080.00 *gal*
Application event totals		1.53	0.00	0.00	113.27	

Application date	Application method	Precipitation 24 hours prior	Precipitation during application	Precipitation 24 hours following
09/30/2023	Surface (irrigation)	No precipitation	No precipitation	No precipitation

Source description	Material type	N (lbs/acre)	P (lbs/acre)	K (lbs/acre)	Salt (lbs/acre)	Amount
GV Canal E	Surface water	1.06	0.00	0.00	78.11	2,150,400.00 *gal*
Application event totals		1.06	0.00	0.00	78.11	

Field 4 - 11/01/2022: Wheat, silage, soft dough

Field name: Field 4

Crop: Wheat, silage, soft dough

Plant date: 11/01/2022

Application date	Application method	Precipitation 24 hours prior	Precipitation during application	Precipitation 24 hours following
10/11/2022	Surface (irrigation)	No precipitation	No precipitation	No precipitation

Source description	Material type	N (lbs/acre)	P (lbs/acre)	K (lbs/acre)	Salt (lbs/acre)	Amount
Corral Solids	Corral solids	230.14	76.71	432.51	0.00	80.00 *ton*
Application event totals		230.14	76.71	432.51	0.00	

Annual Report - General Order No. R5-2007-0035
Reporting period 01/01/2023 to 12/31/2023.

Field 4 - 07/01/2023: Corn, silage

Field name: Field 4

Crop: Corn, silage

Plant date: 07/01/2023

Application date	Application method	Precipitation 24 hours prior	Precipitation during application	Precipitation 24 hours following
06/12/2023	Broadcast/incorporate	No precipitation	No precipitation	No precipitation

Source description	Material type	N (lbs/acre)	P (lbs/acre)	K (lbs/acre)	Salt (lbs/acre)	Amount
Separator Solids	Separator solids	214.83	75.19	104.73	21,912.32	190.00 *ton*
Application event totals		214.83	75.19	104.73	21,912.32	

Application date	Application method	Precipitation 24 hours prior	Precipitation during application	Precipitation 24 hours following
06/12/2023	Surface (irrigation)	No precipitation	No precipitation	No precipitation

Source description	Material type	N (lbs/acre)	P (lbs/acre)	K (lbs/acre)	Salt (lbs/acre)	Amount
GV Canal E	Surface water	1.55	0.00	0.00	114.35	1,666,560.00 *gal*
Application event totals		1.55	0.00	0.00	114.35	

Application date	Application method	Precipitation 24 hours prior	Precipitation during application	Precipitation 24 hours following
07/27/2023	Surface (irrigation)	No precipitation	No precipitation	No precipitation

Source description	Material type	N (lbs/acre)	P (lbs/acre)	K (lbs/acre)	Salt (lbs/acre)	Amount
GV Canal E	Surface water	1.64	0.00	0.00	121.73	1,774,080.00 *gal*
Application event totals		1.64	0.00	0.00	121.73	

Application date	Application method	Precipitation 24 hours prior	Precipitation during application	Precipitation 24 hours following
08/12/2023	Sidedress	No precipitation	No precipitation	No precipitation

Source description	Material type	N (lbs/acre)	P (lbs/acre)	K (lbs/acre)	Salt (lbs/acre)	Amount
UN32	Solid commercial fertilizer	35.20	0.00	0.00	0.00	
Application event totals		35.20	0.00	0.00	0.00	

Application date	Application method	Precipitation 24 hours prior	Precipitation during application	Precipitation 24 hours following
08/12/2023	Surface (irrigation)	No precipitation	No precipitation	No precipitation

Source description	Material type	N (lbs/acre)	P (lbs/acre)	K (lbs/acre)	Salt (lbs/acre)	Amount
GV Canal E	Surface water	1.50	0.00	0.00	110.66	1,612,800.00 *gal*
Application event totals		1.50	0.00	0.00	110.66	

Application date	Application method	Precipitation 24 hours prior	Precipitation during application	Precipitation 24 hours following
08/25/2023	Surface (irrigation)	No precipitation	No precipitation	No precipitation

Source description	Material type	N (lbs/acre)	P (lbs/acre)	K (lbs/acre)	Salt (lbs/acre)	Amount
GV Canal E	Surface water	1.74	0.00	0.00	129.10	1,881,600.00 *gal*
Application event totals		1.74	0.00	0.00	129.10	

Annual Report - General Order No. R5-2007-0035
Reporting period 01/01/2023 to 12/31/2023.

Field 4 - 07/01/2023: Corn, silage

Application date	Application method	Precipitation 24 hours prior	Precipitation during application	Precipitation 24 hours following
09/16/2023	Surface (irrigation)	No precipitation	No precipitation	No precipitation

Source description	Material type	N (lbs/acre)	P (lbs/acre)	K (lbs/acre)	Salt (lbs/acre)	Amount
GV Canal E	Surface water	1.69	0.00	0.00	125.42	1,827,840.00 *gal*
Application event totals		1.69	0.00	0.00	125.42	

Field 5 - 11/01/2022: Wheat, silage, boot stage

Field name: Field 5

Crop: Wheat, silage, boot stage

Plant date: 11/01/2022

Application date	Application method	Precipitation 24 hours prior	Precipitation during application	Precipitation 24 hours following
10/11/2022	Surface (irrigation)	No precipitation	No precipitation	No precipitation

Source description	Material type	N (lbs/acre)	P (lbs/acre)	K (lbs/acre)	Salt (lbs/acre)	Amount
Separator Solids	Separator solids	132.29	27.19	37.65	0.00	210.00 *ton*
Application event totals		132.29	27.19	37.65	0.00	

Field 5 - 07/01/2023: Corn, silage

Field name: Field 5

Crop: Corn, silage

Plant date: 07/01/2023

Application date	Application method	Precipitation 24 hours prior	Precipitation during application	Precipitation 24 hours following
06/12/2023	Broadcast/incorporate	No precipitation	No precipitation	No precipitation

Source description	Material type	N (lbs/acre)	P (lbs/acre)	K (lbs/acre)	Salt (lbs/acre)	Amount
Separator Solids	Separator solids	162.82	56.99	79.37	16,607.23	320.00 *ton*
Application event totals		162.82	56.99	79.37	16,607.23	

Annual Report - General Order No. R5-2007-0035
Reporting period 01/01/2023 to 12/31/2023.

Field 5 - 07/01/2023: Corn, silage

Application date	Application method	Precipitation 24 hours prior	Precipitation during application	Precipitation 24 hours following
06/12/2023	Surface (irrigation)	No precipitation	No precipitation	No precipitation

Source description	Material type	N (lbs/acre)	P (lbs/acre)	K (lbs/acre)	Salt (lbs/acre)	Amount
GV Canal E	Surface water	1.66	0.00	0.00	122.83	3,978,240.00 *gal*
Application event totals		1.66	0.00	0.00	122.83	

Application date	Application method	Precipitation 24 hours prior	Precipitation during application	Precipitation 24 hours following
07/27/2023	Surface (irrigation)	No precipitation	No precipitation	No precipitation

Source description	Material type	N (lbs/acre)	P (lbs/acre)	K (lbs/acre)	Salt (lbs/acre)	Amount
GV Canal E	Surface water	1.44	0.00	0.00	106.23	3,440,640.00 *gal*
Application event totals		1.44	0.00	0.00	106.23	

Application date	Application method	Precipitation 24 hours prior	Precipitation during application	Precipitation 24 hours following
08/14/2023	Sidedress	No precipitation	No precipitation	No precipitation

Source description	Material type	N (lbs/acre)	P (lbs/acre)	K (lbs/acre)	Salt (lbs/acre)	Amount
UN32	Solid commercial fertilizer	35.20	0.00	0.00	0.00	
Application event totals		35.20	0.00	0.00	0.00	

Application date	Application method	Precipitation 24 hours prior	Precipitation during application	Precipitation 24 hours following
08/14/2023	Surface (irrigation)	No precipitation	No precipitation	No precipitation

Source description	Material type	N (lbs/acre)	P (lbs/acre)	K (lbs/acre)	Salt (lbs/acre)	Amount
GV Canal E	Surface water	1.39	0.00	0.00	102.92	3,333,120.00 *gal*
Application event totals		1.39	0.00	0.00	102.92	

Application date	Application method	Precipitation 24 hours prior	Precipitation during application	Precipitation 24 hours following
08/27/2023	Surface (irrigation)	No precipitation	No precipitation	No precipitation

Source description	Material type	N (lbs/acre)	P (lbs/acre)	K (lbs/acre)	Salt (lbs/acre)	Amount
GV Canal E	Surface water	1.59	0.00	0.00	117.85	3,816,960.00 *gal*
Application event totals		1.59	0.00	0.00	117.85	

Application date	Application method	Precipitation 24 hours prior	Precipitation during application	Precipitation 24 hours following
09/06/2023	Surface (irrigation)	No precipitation	No precipitation	No precipitation

Source description	Material type	N (lbs/acre)	P (lbs/acre)	K (lbs/acre)	Salt (lbs/acre)	Amount
GV Canal E	Surface water	1.46	0.00	0.00	107.89	3,494,400.00 *gal*
Application event totals		1.46	0.00	0.00	107.89	

Annual Report - General Order No. R5-2007-0035
Reporting period 01/01/2023 to 12/31/2023.

Field 5 - 07/01/2023: Corn, silage

Application date	Application method	Precipitation 24 hours prior	Precipitation during application	Precipitation 24 hours following
09/20/2023	Surface (irrigation)	No precipitation	No precipitation	No precipitation

Source description	Material type	N (lbs/acre)	P (lbs/acre)	K (lbs/acre)	Salt (lbs/acre)	Amount
GV Canal E	Surface water	1.48	0.00	0.00	109.55	3,548,160.00 *gal*
Application event totals		1.48	0.00	0.00	109.55	

Field 6 - 11/03/2022: Wheat, silage, soft dough

Field name: Field 6

Crop: Wheat, silage, soft dough

Plant date: 11/03/2022

Application date	Application method	Precipitation 24 hours prior	Precipitation during application	Precipitation 24 hours following
12/23/2022	Surface (irrigation)	No precipitation	No precipitation	No precipitation

Source description	Material type	N (lbs/acre)	P (lbs/acre)	K (lbs/acre)	Salt (lbs/acre)	Amount
WWS	Process wastewater	125.51	16.48	174.30	947.27	1,050,000.00 *gal*
Application event totals		125.51	16.48	174.30	947.27	

Application date	Application method	Precipitation 24 hours prior	Precipitation during application	Precipitation 24 hours following
03/24/2023	Surface (irrigation)	No precipitation	No precipitation	No precipitation

Source description	Material type	N (lbs/acre)	P (lbs/acre)	K (lbs/acre)	Salt (lbs/acre)	Amount
WWS	Process wastewater	80.90	100.79	6.73	657.41	840,000.00 *gal*
Application event totals		80.90	100.79	6.73	657.41	

Field 6 - 07/06/2023: Corn, silage

Field name: Field 6

Crop: Corn, silage

Plant date: 07/06/2023

Application date	Application method	Precipitation 24 hours prior	Precipitation during application	Precipitation 24 hours following

Annual Report - General Order No. R5-2007-0035
Reporting period 01/01/2023 to 12/31/2023.

Field 6 - 07/06/2023: Corn, silage

Application date	Application method	Precipitation 24 hours prior	Precipitation during application	Precipitation 24 hours following
06/10/2023	Broadcast/incorporate	No precipitation	No precipitation	No precipitation

Source description	Material type	N (lbs/acre)	P (lbs/acre)	K (lbs/acre)	Salt (lbs/acre)	Amount
Separator Solids	Separator solids	145.76	51.02	71.06	14,867.96	530.00 *ton*
Application event totals		145.76	51.02	71.06	14,867.96	

Application date	Application method	Precipitation 24 hours prior	Precipitation during application	Precipitation 24 hours following
06/18/2023	Surface (irrigation)	No precipitation	No precipitation	No precipitation

Source description	Material type	N (lbs/acre)	P (lbs/acre)	K (lbs/acre)	Salt (lbs/acre)	Amount
GV Canal E	Surface water	1.50	0.00	0.00	111.26	6,666,240.00 *gal*
Application event totals		1.50	0.00	0.00	111.26	

Application date	Application method	Precipitation 24 hours prior	Precipitation during application	Precipitation 24 hours following
07/31/2023	Surface (irrigation)	No precipitation	No precipitation	No precipitation

Source description	Material type	N (lbs/acre)	P (lbs/acre)	K (lbs/acre)	Salt (lbs/acre)	Amount
GV Canal E	Surface water	1.92	0.00	0.00	141.77	8,494,080.00 *gal*
Application event totals		1.92	0.00	0.00	141.77	

Application date	Application method	Precipitation 24 hours prior	Precipitation during application	Precipitation 24 hours following
08/18/2023	Sidedress	No precipitation	No precipitation	No precipitation

Source description	Material type	N (lbs/acre)	P (lbs/acre)	K (lbs/acre)	Salt (lbs/acre)	Amount
UN32	Solid commercial fertilizer	35.20	0.00	0.00	0.00	
Application event totals		35.20	0.00	0.00	0.00	

Application date	Application method	Precipitation 24 hours prior	Precipitation during application	Precipitation 24 hours following
08/18/2023	Surface (irrigation)	No precipitation	No precipitation	No precipitation

Source description	Material type	N (lbs/acre)	P (lbs/acre)	K (lbs/acre)	Salt (lbs/acre)	Amount
GV Canal E	Surface water	1.38	0.00	0.00	102.29	6,128,640.00 *gal*
Application event totals		1.38	0.00	0.00	102.29	

Application date	Application method	Precipitation 24 hours prior	Precipitation during application	Precipitation 24 hours following
08/30/2023	Surface (irrigation)	No precipitation	No precipitation	No precipitation

Source description	Material type	N (lbs/acre)	P (lbs/acre)	K (lbs/acre)	Salt (lbs/acre)	Amount
GV Canal E	Surface water	1.84	0.00	0.00	136.38	8,171,520.00 *gal*
Application event totals		1.84	0.00	0.00	136.38	

Annual Report - General Order No. R5-2007-0035
Reporting period 01/01/2023 to 12/31/2023.

Field 6 - 07/06/2023: Corn, silage

Application date	Application method	Precipitation 24 hours prior	Precipitation during application	Precipitation 24 hours following
09/18/2023	Surface (irrigation)	No precipitation	No precipitation	No precipitation

Source description	Material type	N (lbs/acre)	P (lbs/acre)	K (lbs/acre)	Salt (lbs/acre)	Amount
GV Canal E	Surface water	1.60	0.00	0.00	118.44	7,096,320.00 *gal*
Application event totals		1.60	0.00	0.00	118.44	

Field 7 - 11/01/2022: Wheat, silage, soft dough

Field name: Field 7

Crop: Wheat, silage, soft dough Plant date: 11/01/2022

Application date	Application method	Precipitation 24 hours prior	Precipitation during application	Precipitation 24 hours following
10/09/2022	Broadcast/incorporate	No precipitation	No precipitation	No precipitation

Source description	Material type	N (lbs/acre)	P (lbs/acre)	K (lbs/acre)	Salt (lbs/acre)	Amount
Separator Solids	Separator solids	125.99	25.90	35.86	0.00	60.00 *ton*
Application event totals		125.99	25.90	35.86	0.00	

Field 7 - 06/30/2023: Corn, silage

Field name: Field 7

Crop: Corn, silage Plant date: 06/30/2023

Application date	Application method	Precipitation 24 hours prior	Precipitation during application	Precipitation 24 hours following
06/09/2023	Broadcast/incorporate	No precipitation	No precipitation	No precipitation

Source description	Material type	N (lbs/acre)	P (lbs/acre)	K (lbs/acre)	Salt (lbs/acre)	Amount
Separator Solids	Separator solids	169.60	59.36	82.68	17,299.20	100.00 *ton*
Application event totals		169.60	59.36	82.68	17,299.20	

Annual Report - General Order No. R5-2007-0035
Reporting period 01/01/2023 to 12/31/2023.

Field 7 - 06/30/2023: Corn, silage

Application date	Application method	Precipitation 24 hours prior	Precipitation during application	Precipitation 24 hours following
06/12/2023	Surface (irrigation)	No precipitation	No precipitation	No precipitation

Source description	Material type	N (lbs/acre)	P (lbs/acre)	K (lbs/acre)	Salt (lbs/acre)	Amount
GV Canal E	Surface water	2.09	0.00	0.00	154.93	1,505,280.00 *gal*
Application event totals		2.09	0.00	0.00	154.93	

Application date	Application method	Precipitation 24 hours prior	Precipitation during application	Precipitation 24 hours following
07/27/2023	Surface (irrigation)	No precipitation	No precipitation	No precipitation

Source description	Material type	N (lbs/acre)	P (lbs/acre)	K (lbs/acre)	Salt (lbs/acre)	Amount
GV Canal E	Surface water	2.17	0.00	0.00	160.46	1,559,040.00 *gal*
Application event totals		2.17	0.00	0.00	160.46	

Application date	Application method	Precipitation 24 hours prior	Precipitation during application	Precipitation 24 hours following
08/12/2023	Sidedress	No precipitation	No precipitation	No precipitation

Source description	Material type	N (lbs/acre)	P (lbs/acre)	K (lbs/acre)	Salt (lbs/acre)	Amount
UN32	Solid commercial fertilizer	35.20	0.00	0.00	0.00	
Application event totals		35.20	0.00	0.00	0.00	

Application date	Application method	Precipitation 24 hours prior	Precipitation during application	Precipitation 24 hours following
08/12/2023	Surface (irrigation)	No precipitation	No precipitation	No precipitation

Source description	Material type	N (lbs/acre)	P (lbs/acre)	K (lbs/acre)	Salt (lbs/acre)	Amount
GV Canal E	Surface water	1.50	0.00	0.00	110.66	1,075,200.00 *gal*
Application event totals		1.50	0.00	0.00	110.66	

Application date	Application method	Precipitation 24 hours prior	Precipitation during application	Precipitation 24 hours following
08/25/2023	Surface (irrigation)	No precipitation	No precipitation	No precipitation

Source description	Material type	N (lbs/acre)	P (lbs/acre)	K (lbs/acre)	Salt (lbs/acre)	Amount
GV Canal E	Surface water	1.35	0.00	0.00	99.60	967,680.00 *gal*
Application event totals		1.35	0.00	0.00	99.60	

Application date	Application method	Precipitation 24 hours prior	Precipitation during application	Precipitation 24 hours following
09/11/2023	Surface (irrigation)	No precipitation	No precipitation	No precipitation

Source description	Material type	N (lbs/acre)	P (lbs/acre)	K (lbs/acre)	Salt (lbs/acre)	Amount
GV Canal E	Surface water	1.50	0.00	0.00	110.66	1,075,200.00 *gal*
Application event totals		1.50	0.00	0.00	110.66	

Field 8 - 11/01/2022: Wheat, silage, soft dough

Annual Report - General Order No. R5-2007-0035
Reporting period 01/01/2023 to 12/31/2023.

Field 8 - 11/01/2022: Wheat, silage, soft dough

Field name: Field 8

Crop: Wheat, silage, soft dough

Plant date: 11/01/2022

Application date	Application method	Precipitation 24 hours prior	Precipitation during application	Precipitation 24 hours following
10/09/2022	Broadcast/incorporate	No precipitation	No precipitation	No precipitation

Source description	Material type	N (lbs/acre)	P (lbs/acre)	K (lbs/acre)	Salt (lbs/acre)	Amount
Separator Solids	Separator solids	96.92	19.92	27.58	0.00	100.00 *ton*
Application event totals		96.92	19.92	27.58	0.00	

Field 8 - 06/14/2023: Corn, silage

Field name: Field 8

Crop: Corn, silage

Plant date: 06/14/2023

Application date	Application method	Precipitation 24 hours prior	Precipitation during application	Precipitation 24 hours following
05/22/2023	Surface (irrigation)	No precipitation	No precipitation	No precipitation

Source description	Material type	N (lbs/acre)	P (lbs/acre)	K (lbs/acre)	Salt (lbs/acre)	Amount
GV Canal E	Surface water	1.45	0.00	0.00	107.26	2,257,920.00 *gal*
Application event totals		1.45	0.00	0.00	107.26	

Application date	Application method	Precipitation 24 hours prior	Precipitation during application	Precipitation 24 hours following
06/08/2023	Broadcast/incorporate	No precipitation	No precipitation	No precipitation

Source description	Material type	N (lbs/acre)	P (lbs/acre)	K (lbs/acre)	Salt (lbs/acre)	Amount
Separator Solids	Separator solids	234.83	82.19	114.48	23,952.74	300.00 *ton*
Application event totals		234.83	82.19	114.48	23,952.74	

Application date	Application method	Precipitation 24 hours prior	Precipitation during application	Precipitation 24 hours following
07/06/2023	Surface (irrigation)	No precipitation	No precipitation	No precipitation

Source description	Material type	N (lbs/acre)	P (lbs/acre)	K (lbs/acre)	Salt (lbs/acre)	Amount
GV Canal E	Surface water	1.52	0.00	0.00	112.36	2,365,440.00 *gal*
Application event totals		1.52	0.00	0.00	112.36	

Annual Report - General Order No. R5-2007-0035
Reporting period 01/01/2023 to 12/31/2023.

Field 8 - 06/14/2023: Corn, silage

Application date	Application method	Precipitation 24 hours prior	Precipitation during application	Precipitation 24 hours following
07/20/2023	Sidedress	No precipitation	No precipitation	No precipitation

Source description	Material type	N (lbs/acre)	P (lbs/acre)	K (lbs/acre)	Salt (lbs/acre)	Amount
UN32	Solid commercial fertilizer	35.20	0.00	0.00	0.00	
Application event totals		35.20	0.00	0.00	0.00	

Application date	Application method	Precipitation 24 hours prior	Precipitation during application	Precipitation 24 hours following
07/20/2023	Surface (irrigation)	No precipitation	No precipitation	No precipitation

Source description	Material type	N (lbs/acre)	P (lbs/acre)	K (lbs/acre)	Salt (lbs/acre)	Amount
GV Canal E	Surface water	1.24	0.00	0.00	91.93	1,935,360.00 *gal*
Application event totals		1.24	0.00	0.00	91.93	

Application date	Application method	Precipitation 24 hours prior	Precipitation during application	Precipitation 24 hours following
08/07/2023	Surface (irrigation)	No precipitation	No precipitation	No precipitation

Source description	Material type	N (lbs/acre)	P (lbs/acre)	K (lbs/acre)	Salt (lbs/acre)	Amount
GV Canal E	Surface water	1.66	0.00	0.00	122.58	2,580,480.00 *gal*
Application event totals		1.66	0.00	0.00	122.58	

Application date	Application method	Precipitation 24 hours prior	Precipitation during application	Precipitation 24 hours following
08/19/2023	Surface (irrigation)	No precipitation	No precipitation	No precipitation

Source description	Material type	N (lbs/acre)	P (lbs/acre)	K (lbs/acre)	Salt (lbs/acre)	Amount
GV Canal E	Surface water	1.35	0.00	0.00	99.60	2,096,640.00 *gal*
Application event totals		1.35	0.00	0.00	99.60	

Application date	Application method	Precipitation 24 hours prior	Precipitation during application	Precipitation 24 hours following
09/04/2023	Surface (irrigation)	No precipitation	No precipitation	No precipitation

Source description	Material type	N (lbs/acre)	P (lbs/acre)	K (lbs/acre)	Salt (lbs/acre)	Amount
GV Canal E	Surface water	1.73	0.00	0.00	127.69	2,688,000.00 *gal*
Application event totals		1.73	0.00	0.00	127.69	

Field 9 - 11/02/2022: Wheat, silage, soft dough

Field name: Field 9

Crop: Wheat, silage, soft dough

Plant date: 11/02/2022

Application date	Application method	Precipitation 24 hours prior	Precipitation during application	Precipitation 24 hours following

Annual Report - General Order No. R5-2007-0035
Reporting period 01/01/2023 to 12/31/2023.

Field 9 - 11/02/2022: Wheat, silage, soft dough

Application date	Application method	Precipitation 24 hours prior	Precipitation during application	Precipitation 24 hours following
10/09/2022	Broadcast/incorporate	No precipitation	No precipitation	No precipitation

Source description	Material type	N (lbs/acre)	P (lbs/acre)	K (lbs/acre)	Salt (lbs/acre)	Amount
Separator Solids	Separator solids	94.50	19.42	26.89	0.00	60.00 *ton*
Application event totals		94.50	19.42	26.89	0.00	

Field 9 - 06/29/2023: Corn, silage

Field name: Field 9

Crop: Corn, silage

Plant date: 06/29/2023

Application date	Application method	Precipitation 24 hours prior	Precipitation during application	Precipitation 24 hours following
06/09/2023	Broadcast/incorporate	No precipitation	No precipitation	No precipitation

Source description	Material type	N (lbs/acre)	P (lbs/acre)	K (lbs/acre)	Salt (lbs/acre)	Amount
Separator Solids	Separator solids	139.92	48.97	68.21	14,271.84	110.00 *ton*
Application event totals		139.92	48.97	68.21	14,271.84	

06/12/2023	Surface (irrigation)	No precipitation	No precipitation	No precipitation

Source description	Material type	N (lbs/acre)	P (lbs/acre)	K (lbs/acre)	Salt (lbs/acre)	Amount
GV Canal E	Surface water	1.51	0.00	0.00	112.04	1,451,520.00 *gal*
Application event totals		1.51	0.00	0.00	112.04	

07/22/2023	Surface (irrigation)	No precipitation	No precipitation	No precipitation

Source description	Material type	N (lbs/acre)	P (lbs/acre)	K (lbs/acre)	Salt (lbs/acre)	Amount
GV Canal E	Surface water	1.74	0.00	0.00	128.64	1,666,560.00 *gal*
Application event totals		1.74	0.00	0.00	128.64	

08/06/2023	Sidedress	No precipitation	No precipitation	No precipitation

Source description	Material type	N (lbs/acre)	P (lbs/acre)	K (lbs/acre)	Salt (lbs/acre)	Amount
UN32	Solid commercial fertilizer	35.20	0.00	0.00	0.00	
Application event totals		35.20	0.00	0.00	0.00	

Annual Report - General Order No. R5-2007-0035
Reporting period 01/01/2023 to 12/31/2023.

Field 9 - 06/29/2023: Corn, silage

Application date	Application method	Precipitation 24 hours prior	Precipitation during application	Precipitation 24 hours following
08/06/2023	Surface (irrigation)	No precipitation	No precipitation	No precipitation

Source description	Material type	N (lbs/acre)	P (lbs/acre)	K (lbs/acre)	Salt (lbs/acre)	Amount
GV Canal E	Surface water	1.79	0.00	0.00	132.79	1,720,320.00 *gal*
Application event totals		1.79	0.00	0.00	132.79	

Application date	Application method	Precipitation 24 hours prior	Precipitation during application	Precipitation 24 hours following
08/18/2023	Surface (irrigation)	No precipitation	No precipitation	No precipitation

Source description	Material type	N (lbs/acre)	P (lbs/acre)	K (lbs/acre)	Salt (lbs/acre)	Amount
GV Canal E	Surface water	1.57	0.00	0.00	116.19	1,505,280.00 *gal*
Application event totals		1.57	0.00	0.00	116.19	

Application date	Application method	Precipitation 24 hours prior	Precipitation during application	Precipitation 24 hours following
08/31/2023	Surface (irrigation)	No precipitation	No precipitation	No precipitation

Source description	Material type	N (lbs/acre)	P (lbs/acre)	K (lbs/acre)	Salt (lbs/acre)	Amount
GV Canal E	Surface water	1.35	0.00	0.00	99.60	1,290,240.00 *gal*
Application event totals		1.35	0.00	0.00	99.60	

Application date	Application method	Precipitation 24 hours prior	Precipitation during application	Precipitation 24 hours following
09/18/2023	Surface (irrigation)	No precipitation	No precipitation	No precipitation

Source description	Material type	N (lbs/acre)	P (lbs/acre)	K (lbs/acre)	Salt (lbs/acre)	Amount
GV Canal E	Surface water	1.23	0.00	0.00	91.30	1,182,720.00 *gal*
Application event totals		1.23	0.00	0.00	91.30	

Field Joes/DaRocha - 10/31/2022: Wheat Hay

Field name: Field Joes/DaRocha

Crop: Wheat Hay

Plant date: 10/31/2022

Application date	Application method	Precipitation 24 hours prior	Precipitation during application	Precipitation 24 hours following
10/01/2022	Broadcast/incorporate	No precipitation	No precipitation	No precipitation

Source description	Material type	N (lbs/acre)	P (lbs/acre)	K (lbs/acre)	Salt (lbs/acre)	Amount
Separator Solids	Separator solids	98.00	20.14	27.89	0.00	70.00 *ton*
Application event totals		98.00	20.14	27.89	0.00	

Annual Report - General Order No. R5-2007-0035
Reporting period 01/01/2023 to 12/31/2023.

Field Joes/DaRocha - 07/12/2023: Corn, silage

Field name: Field Joes/DaRocha

Crop: Corn, silage

Plant date: 07/12/2023

Application date	Application method	Precipitation 24 hours prior	Precipitation during application	Precipitation 24 hours following
06/22/2023	Surface (irrigation)	No precipitation	No precipitation	No precipitation

Source description	Material type	N (lbs/acre)	P (lbs/acre)	K (lbs/acre)	Salt (lbs/acre)	Amount
GV Canal E	Surface water	1.89	0.00	0.00	140.17	2,042,880.00 *gal*
Application event totals		1.89	0.00	0.00	140.17	

Application date	Application method	Precipitation 24 hours prior	Precipitation during application	Precipitation 24 hours following
06/25/2023	Broadcast/incorporate	No precipitation	No precipitation	No precipitation

Source description	Material type	N (lbs/acre)	P (lbs/acre)	K (lbs/acre)	Salt (lbs/acre)	Amount
Separator Solids	Separator solids	110.81	38.78	54.02	11,302.14	98.00 *ton*
Application event totals		110.81	38.78	54.02	11,302.14	

Application date	Application method	Precipitation 24 hours prior	Precipitation during application	Precipitation 24 hours following
08/18/2023	Surface (irrigation)	No precipitation	No precipitation	No precipitation

Source description	Material type	N (lbs/acre)	P (lbs/acre)	K (lbs/acre)	Salt (lbs/acre)	Amount
GV Canal E	Surface water	2.09	0.00	0.00	154.93	2,257,920.00 *gal*
Application event totals		2.09	0.00	0.00	154.93	

Application date	Application method	Precipitation 24 hours prior	Precipitation during application	Precipitation 24 hours following
08/31/2023	Surface (irrigation)	No precipitation	No precipitation	No precipitation

Source description	Material type	N (lbs/acre)	P (lbs/acre)	K (lbs/acre)	Salt (lbs/acre)	Amount
GV Canal E	Surface water	1.50	0.00	0.00	110.66	1,612,800.00 *gal*
Application event totals		1.50	0.00	0.00	110.66	

Application date	Application method	Precipitation 24 hours prior	Precipitation during application	Precipitation 24 hours following
09/15/2023	Surface (irrigation)	No precipitation	No precipitation	No precipitation

Source description	Material type	N (lbs/acre)	P (lbs/acre)	K (lbs/acre)	Salt (lbs/acre)	Amount
GV Canal E	Surface water	1.79	0.00	0.00	132.79	1,935,360.00 *gal*
Application event totals		1.79	0.00	0.00	132.79	

Application date	Application method	Precipitation 24 hours prior	Precipitation during application	Precipitation 24 hours following
09/29/2023	Surface (irrigation)	No precipitation	No precipitation	No precipitation

Source description	Material type	N (lbs/acre)	P (lbs/acre)	K (lbs/acre)	Salt (lbs/acre)	Amount
GV Canal E	Surface water	1.30	0.00	0.00	95.91	1,397,760.00 *gal*
Application event totals		1.30	0.00	0.00	95.91	

Annual Report - General Order No. R5-2007-0035
Reporting period 01/01/2023 to 12/31/2023.

Field Markarian - 10/31/2022: Wheat Hay

Field name: Field Markarian

Crop: Wheat Hay

Plant date: 10/31/2022

Application date	Application method	Precipitation 24 hours prior	Precipitation during application	Precipitation 24 hours following
10/01/2022	Broadcast/incorporate	No precipitation	No precipitation	No precipitation

Source description	Material type	N (lbs/acre)	P (lbs/acre)	K (lbs/acre)	Salt (lbs/acre)	Amount
Separator Solids	Separator solids	94.50	19.42	26.89	0.00	60.00 *ton*
Application event totals		94.50	19.42	26.89	0.00	

Field Markarian - 07/12/2023: Corn, silage

Field name: Field Markarian

Crop: Corn, silage

Plant date: 07/12/2023

Application date	Application method	Precipitation 24 hours prior	Precipitation during application	Precipitation 24 hours following
06/23/2023	Surface (irrigation)	No precipitation	No precipitation	No precipitation

Source description	Material type	N (lbs/acre)	P (lbs/acre)	K (lbs/acre)	Salt (lbs/acre)	Amount
GV Canal E	Surface water	2.02	0.00	0.00	149.39	1,935,360.00 *gal*
Application event totals		2.02	0.00	0.00	149.39	

06/25/2023	Broadcast/incorporate	No precipitation	No precipitation	No precipitation

Source description	Material type	N (lbs/acre)	P (lbs/acre)	K (lbs/acre)	Salt (lbs/acre)	Amount
Separator Solids	Separator solids	97.94	34.28	47.75	9,990.29	77.00 *ton*
Application event totals		97.94	34.28	47.75	9,990.29	

08/19/2023	Surface (irrigation)	No precipitation	No precipitation	No precipitation

Source description	Material type	N (lbs/acre)	P (lbs/acre)	K (lbs/acre)	Salt (lbs/acre)	Amount
GV Canal E	Surface water	2.13	0.00	0.00	157.69	2,042,880.00 *gal*
Application event totals		2.13	0.00	0.00	157.69	

Annual Report - General Order No. R5-2007-0035
Reporting period 01/01/2023 to 12/31/2023.

Field Markarian - 07/12/2023: Corn, silage

Application date	Application method	Precipitation 24 hours prior	Precipitation during application	Precipitation 24 hours following
09/01/2023	Surface (irrigation)	No precipitation	No precipitation	No precipitation

Source description	Material type	N (lbs/acre)	P (lbs/acre)	K (lbs/acre)	Salt (lbs/acre)	Amount
GV Canal E	Surface water	1.57	0.00	0.00	116.19	1,505,280.00 *gal*
Application event totals		1.57	0.00	0.00	116.19	

Application date	Application method	Precipitation 24 hours prior	Precipitation during application	Precipitation 24 hours following
09/16/2023	Surface (irrigation)	No precipitation	No precipitation	No precipitation

Source description	Material type	N (lbs/acre)	P (lbs/acre)	K (lbs/acre)	Salt (lbs/acre)	Amount
GV Canal E	Surface water	1.79	0.00	0.00	132.79	1,720,320.00 *gal*
Application event totals		1.79	0.00	0.00	132.79	

Application date	Application method	Precipitation 24 hours prior	Precipitation during application	Precipitation 24 hours following
09/30/2023	Surface (irrigation)	No precipitation	No precipitation	No precipitation

Source description	Material type	N (lbs/acre)	P (lbs/acre)	K (lbs/acre)	Salt (lbs/acre)	Amount
GV Canal E	Surface water	1.23	0.00	0.00	91.30	1,182,720.00 *gal*
Application event totals		1.23	0.00	0.00	91.30	

Annual Report - General Order No. R5-2007-0035
Reporting period 01/01/2023 to 12/31/2023.

B. NUTRIENT BUDGET

Field 1 - 11/01/2022: Wheat, silage, soft dough

Field name: Field 1 Crop: Wheat, silage, soft dough Plant date: 11/01/2022

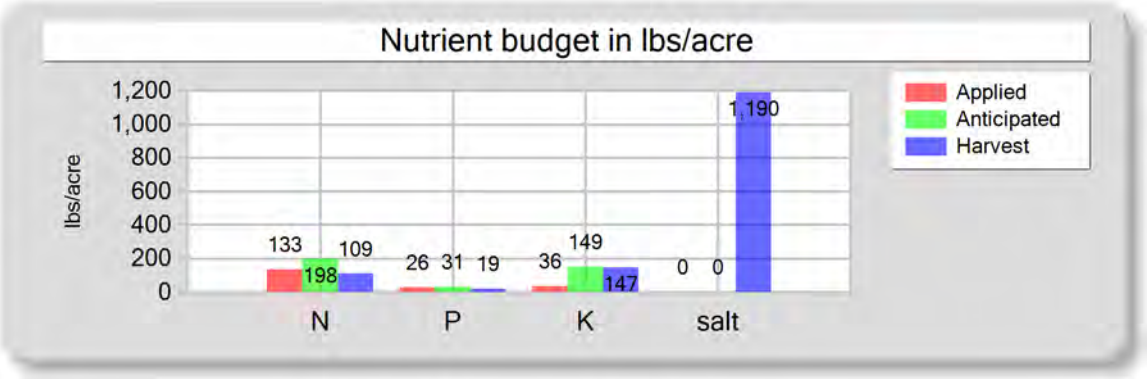

	Total N (lbs/acre)	Total P (lbs/acre)	Total K (lbs/acre)	Total salt (lbs/acre)
Existing soil nutrient content	0.00	0.00	0.00	0.00
Plowdown credit	0.00	0.00	0.00	0.00
Commercial fertilizer / Other	0.00	0.00	0.00	0.00
Dry manure	125.99	25.90	35.86	0.00
Process wastewater	0.00	0.00	0.00	0.00
Fresh water	0.00	0.00	0.00	0.00
Atmospheric deposition	7.00	0.00	0.00	0.00
Total nutrients applied	132.99	25.90	35.86	0.00
Anticipated crop nutrient removal	198.00	30.60	149.40	0.00
Actual crop nutrient removal	109.49	18.88	147.25	1,189.78
Nutrient balance	23.50	7.02	-111.39	-1,189.78
Applied to removed ratio	1.21	1.37	0.24	0.00

Fresh water applied
0.00 *gallons*
0.00 *acre-inches*
0.00 *inches/acre*

Process wastewater applied
0.00 *gallons*
0.00 *acre-inches*
0.00 *inches/acre*

Total harvests for the crop
1 *harvests*

Annual Report - General Order No. R5-2007-0035
Reporting period 01/01/2023 to 12/31/2023.

Field 1 - 07/05/2023: Corn, silage

Field name: Field 1 Crop: Corn, silage Plant date: 07/05/2023

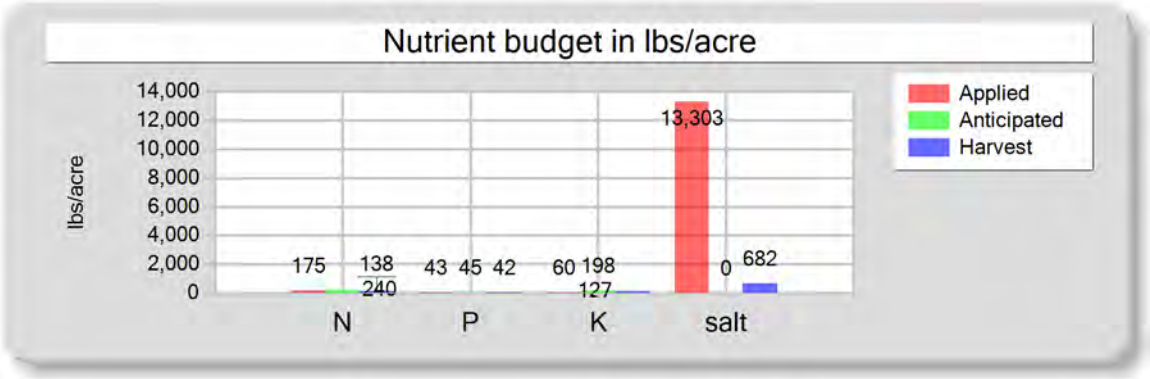

	Total N (lbs/acre)	Total P (lbs/acre)	Total K (lbs/acre)	Total salt (lbs/acre)
Existing soil nutrient content	0.00	0.00	0.00	0.00
Plowdown credit	0.00	0.00	0.00	0.00
Commercial fertilizer / Other	35.20	0.00	0.00	0.00
Dry manure	123.88	43.36	60.39	12,635.94
Process wastewater	0.00	0.00	0.00	0.00
Fresh water	9.01	0.00	0.00	666.86
Atmospheric deposition	7.00	0.00	0.00	0.00
Total nutrients applied	175.09	43.36	60.39	13,302.79
Anticipated crop nutrient removal	240.00	45.00	198.00	0.00
Actual crop nutrient removal	138.18	42.22	126.66	681.91
Nutrient balance	36.92	1.14	-66.27	12,620.89
Applied to removed ratio	1.27	1.03	0.48	19.51

Fresh water applied	
24,837,120.00	*gallons*
914.67	*acre-inches*
39.77	*inches/acre*

Process wastewater applied	
0.00	*gallons*
0.00	*acre-inches*
0.00	*inches/acre*

Total harvests for the crop	
1	*harvests*

Annual Report - General Order No. R5-2007-0035
Reporting period 01/01/2023 to 12/31/2023.

Field 10 - 11/04/2022: Wheat, silage, soft dough

Field name: Field 10 Crop: Wheat, silage, soft dough Plant date: 11/04/2022

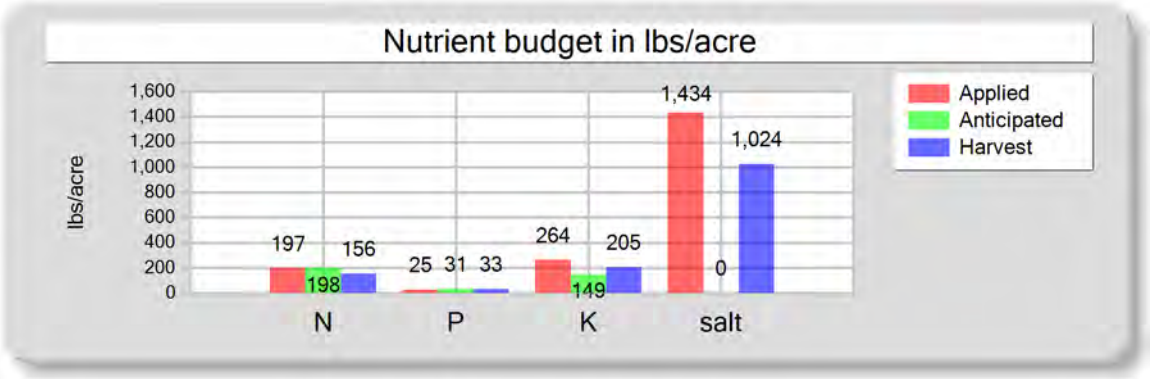

	Total N (lbs/acre)	Total P (lbs/acre)	Total K (lbs/acre)	Total salt (lbs/acre)
Existing soil nutrient content	0.00	0.00	0.00	0.00
Plowdown credit	0.00	0.00	0.00	0.00
Commercial fertilizer / Other	0.00	0.00	0.00	0.00
Dry manure	0.00	0.00	0.00	0.00
Process wastewater	190.06	24.96	263.94	1,434.44
Fresh water	0.00	0.00	0.00	0.00
Atmospheric deposition	7.00	0.00	0.00	0.00
Total nutrients applied	197.06	24.96	263.94	1,434.44
Anticipated crop nutrient removal	198.00	30.60	149.40	0.00
Actual crop nutrient removal	155.72	32.78	204.89	1,024.05
Nutrient balance	41.35	-7.82	59.04	410.39
Applied to removed ratio	1.27	0.76	1.29	1.40

Fresh water applied	
0.00	*gallons*
0.00	*acre-inches*
0.00	*inches/acre*

Process wastewater applied	
1,590,000.00	*gallons*
58.55	*acre-inches*
1.58	*inches/acre*

Total harvests for the crop	
1	*harvests*

Annual Report - General Order No. R5-2007-0035
Reporting period 01/01/2023 to 12/31/2023.

Field 10 - 05/29/2023: Corn, silage

Field name: Field 10 Crop: Corn, silage Plant date: 05/29/2023

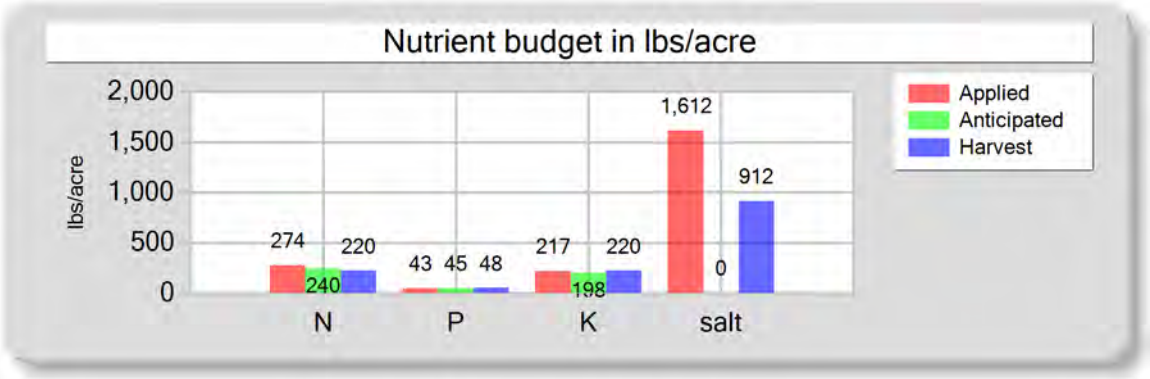

	Total N (lbs/acre)	Total P (lbs/acre)	Total K (lbs/acre)	Total salt (lbs/acre)
Existing soil nutrient content	0.00	0.00	0.00	0.00
Plowdown credit	0.00	0.00	0.00	0.00
Commercial fertilizer / Other	35.20	0.00	0.00	0.00
Dry manure	0.00	0.00	0.00	0.00
Process wastewater	222.72	43.16	216.69	961.07
Fresh water	8.80	0.00	0.00	651.41
Atmospheric deposition	7.00	0.00	0.00	0.00
Total nutrients applied	273.73	43.16	216.69	1,612.48
Anticipated crop nutrient removal	240.00	45.00	198.00	0.00
Actual crop nutrient removal	220.25	48.18	220.25	911.82
Nutrient balance	53.48	-5.02	-3.55	700.66
Applied to removed ratio	1.24	0.90	0.98	1.77

Fresh water applied	
39,029,760.00	*gallons*
1,437.33	*acre-inches*
38.85	*inches/acre*

Process wastewater applied	
2,010,000.00	*gallons*
74.02	*acre-inches*
2.00	*inches/acre*

Total harvests for the crop	
1	*harvests*

Annual Report - General Order No. R5-2007-0035
Reporting period 01/01/2023 to 12/31/2023.

Field 11 - 11/04/2022: Wheat, silage, soft dough

Field name: Field 11 Crop: Wheat, silage, soft dough Plant date: 11/04/2022

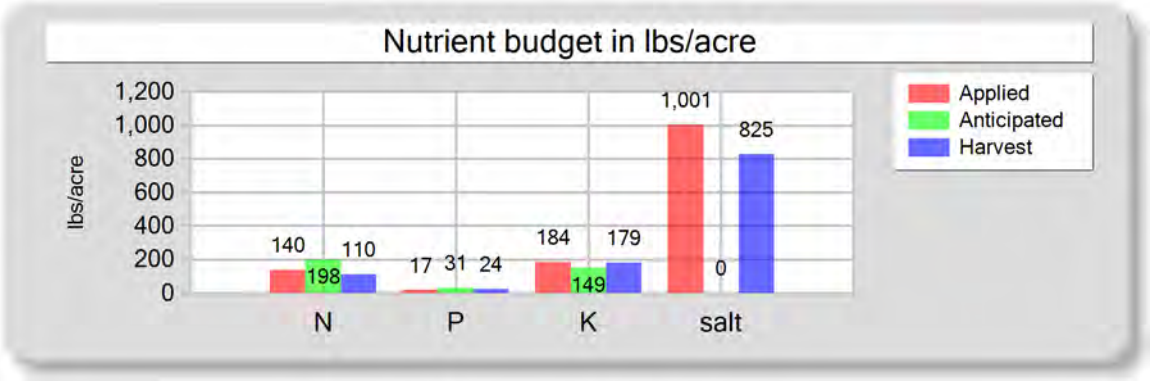

	Total N (lbs/acre)	Total P (lbs/acre)	Total K (lbs/acre)	Total salt (lbs/acre)
Existing soil nutrient content	0.00	0.00	0.00	0.00
Plowdown credit	0.00	0.00	0.00	0.00
Commercial fertilizer / Other	0.00	0.00	0.00	0.00
Dry manure	0.00	0.00	0.00	0.00
Process wastewater	132.69	17.42	184.26	1,001.40
Fresh water	0.00	0.00	0.00	0.00
Atmospheric deposition	7.00	0.00	0.00	0.00
Total nutrients applied	139.69	17.42	184.26	1,001.40
Anticipated crop nutrient removal	198.00	30.60	149.40	0.00
Actual crop nutrient removal	110.38	24.15	179.36	825.24
Nutrient balance	29.31	-6.72	4.89	176.16
Applied to removed ratio	1.27	0.72	1.03	1.21

Fresh water applied
0.00 *gallons*
0.00 *acre-inches*
0.00 *inches/acre*

Process wastewater applied
840,000.00 *gallons*
30.93 *acre-inches*
1.10 *inches/acre*

Total harvests for the crop
1 *harvests*

Annual Report - General Order No. R5-2007-0035
Reporting period 01/01/2023 to 12/31/2023.

Field 11 - 05/31/2023: Corn, silage

Field name: Field 11 Crop: Corn, silage Plant date: 05/31/2023

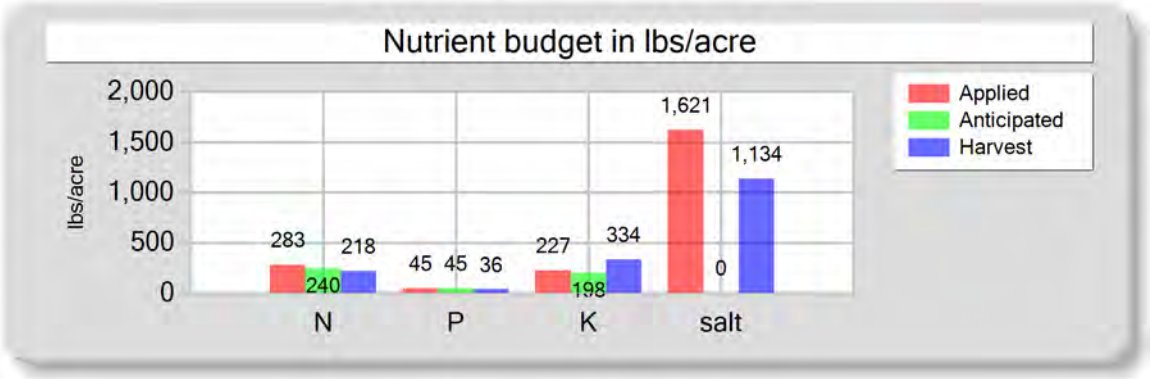

	Total N (lbs/acre)	Total P (lbs/acre)	Total K (lbs/acre)	Total salt (lbs/acre)
Existing soil nutrient content	0.00	0.00	0.00	0.00
Plowdown credit	0.00	0.00	0.00	0.00
Commercial fertilizer / Other	35.20	0.00	0.00	0.00
Dry manure	0.00	0.00	0.00	0.00
Process wastewater	232.82	45.11	226.51	1,004.62
Fresh water	8.33	0.00	0.00	616.54
Atmospheric deposition	7.00	0.00	0.00	0.00
Total nutrients applied	283.35	45.11	226.51	1,621.16
Anticipated crop nutrient removal	240.00	45.00	198.00	0.00
Actual crop nutrient removal	217.56	36.26	333.60	1,133.87
Nutrient balance	65.78	8.85	-107.09	487.29
Applied to removed ratio	1.30	1.24	0.68	1.43

Fresh water applied	
27,955,200.00	*gallons*
1,029.49	*acre-inches*
36.77	*inches/acre*

Process wastewater applied	
1,590,000.00	*gallons*
58.55	*acre-inches*
2.09	*inches/acre*

Total harvests for the crop	
1	*harvests*

Annual Report - General Order No. R5-2007-0035
Reporting period 01/01/2023 to 12/31/2023.

Field 12 - 11/04/2022: Wheat, silage, boot stage

Field name: Field 12 Crop: Wheat, silage, boot stage Plant date: 11/04/2022

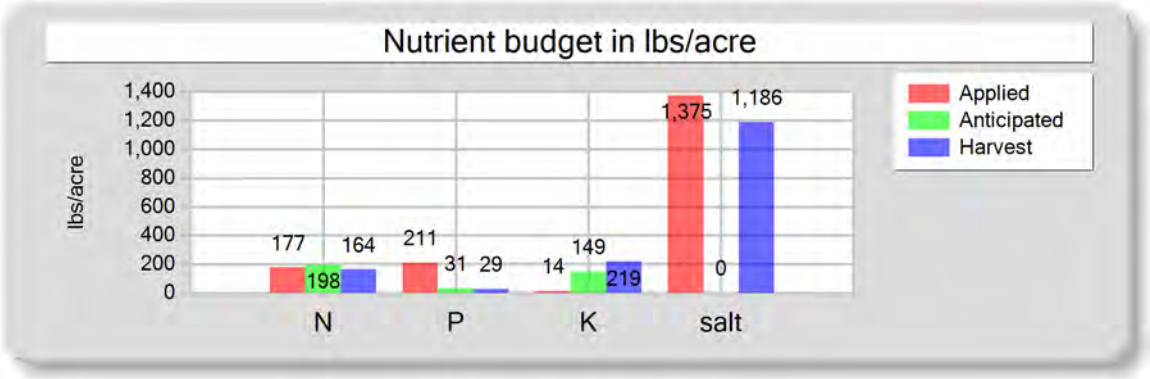

	Total N (lbs/acre)	Total P (lbs/acre)	Total K (lbs/acre)	Total salt (lbs/acre)
Existing soil nutrient content	0.00	0.00	0.00	0.00
Plowdown credit	0.00	0.00	0.00	0.00
Commercial fertilizer / Other	0.00	0.00	0.00	0.00
Dry manure	0.00	0.00	0.00	0.00
Process wastewater	170.05	210.88	14.07	1,375.46
Fresh water	0.00	0.00	0.00	0.00
Atmospheric deposition	7.00	0.00	0.00	0.00
Total nutrients applied	177.05	210.88	14.07	1,375.46
Anticipated crop nutrient removal	198.00	30.60	149.40	0.00
Actual crop nutrient removal	164.03	29.16	218.70	1,186.16
Nutrient balance	13.03	181.72	-204.63	189.31
Applied to removed ratio	1.08	7.23	0.06	1.16

Fresh water applied	
0.00	*gallons*
0.00	*acre-inches*
0.00	*inches/acre*

Process wastewater applied	
1,140,000.00	*gallons*
41.98	*acre-inches*
1.75	*inches/acre*

Total harvests for the crop	
1	*harvests*

Annual Report - General Order No. R5-2007-0035
Reporting period 01/01/2023 to 12/31/2023.

Field 12 - 06/16/2023: Corn, silage

Field name: Field 12 Crop: Corn, silage Plant date: 06/16/2023

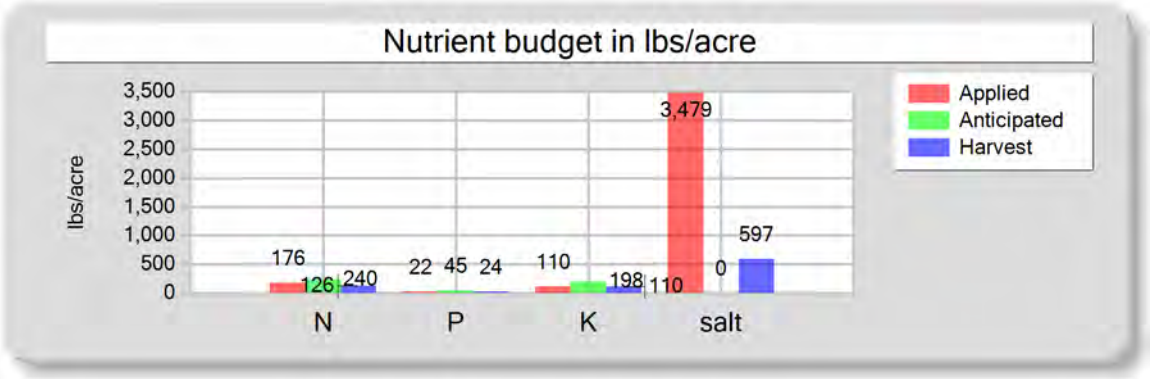

	Total N (lbs/acre)	Total P (lbs/acre)	Total K (lbs/acre)	Total salt (lbs/acre)
Existing soil nutrient content	0.00	0.00	0.00	0.00
Plowdown credit	0.00	0.00	0.00	0.00
Commercial fertilizer / Other	35.20	0.00	0.00	0.00
Dry manure	0.00	0.00	0.00	0.00
Process wastewater	112.75	21.85	109.70	486.51
Fresh water	21.34	0.00	0.00	2,992.75
Atmospheric deposition	7.00	0.00	0.00	0.00
Total nutrients applied	176.29	21.85	109.70	3,479.26
Anticipated crop nutrient removal	240.00	45.00	198.00	0.00
Actual crop nutrient removal	126.35	24.20	110.22	596.92
Nutrient balance	49.94	-2.35	-0.53	2,882.34
Applied to removed ratio	1.40	0.90	1.00	5.83

Fresh water applied	
24,948,000.00	*gallons*
918.75	*acre-inches*
38.28	*inches/acre*

Process wastewater applied	
660,000.00	*gallons*
24.31	*acre-inches*
1.01	*inches/acre*

Total harvests for the crop	
1	*harvests*

Annual Report - General Order No. R5-2007-0035
Reporting period 01/01/2023 to 12/31/2023.

Field 13 - 10/31/2022: Wheat Hay

Field name: Field 13 Crop: Wheat Hay Plant date: 10/31/2022

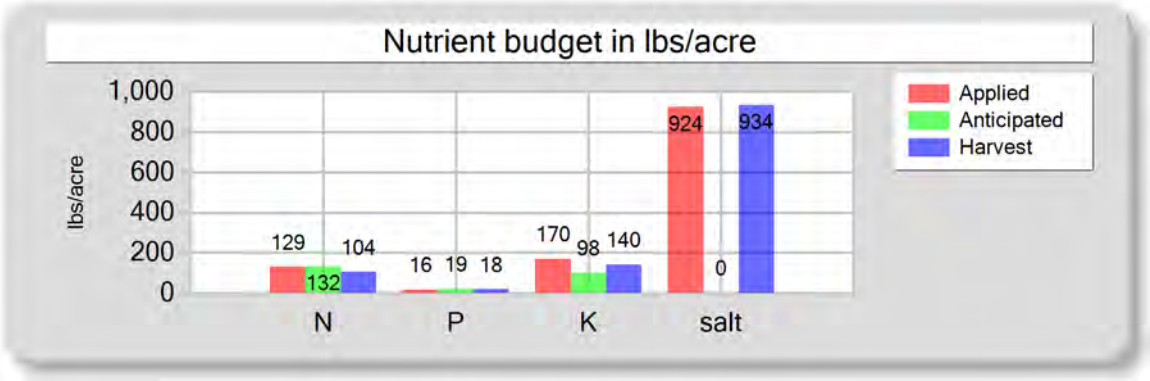

	Total N (lbs/acre)	Total P (lbs/acre)	Total K (lbs/acre)	Total salt (lbs/acre)
Existing soil nutrient content	0.00	0.00	0.00	0.00
Plowdown credit	0.00	0.00	0.00	0.00
Commercial fertilizer / Other	0.00	0.00	0.00	0.00
Dry manure	0.00	0.00	0.00	0.00
Process wastewater	122.48	16.08	170.08	924.37
Fresh water	0.00	0.00	0.00	0.00
Atmospheric deposition	7.00	0.00	0.00	0.00
Total nutrients applied	129.48	16.08	170.08	924.37
Anticipated crop nutrient removal	132.00	19.20	98.40	0.00
Actual crop nutrient removal	103.85	18.28	139.57	933.86
Nutrient balance	25.63	-2.19	30.51	-9.49
Applied to removed ratio	1.25	0.88	1.22	0.99

Fresh water applied	
0.00	*gallons*
0.00	*acre-inches*
0.00	*inches/acre*

Process wastewater applied	
360,000.00	*gallons*
13.26	*acre-inches*
1.02	*inches/acre*

Total harvests for the crop	
1	*harvests*

Annual Report - General Order No. R5-2007-0035
Reporting period 01/01/2023 to 12/31/2023.

Field 13 - 07/14/2023: Corn, silage

Field name: Field 13 Crop: Corn, silage Plant date: 07/14/2023

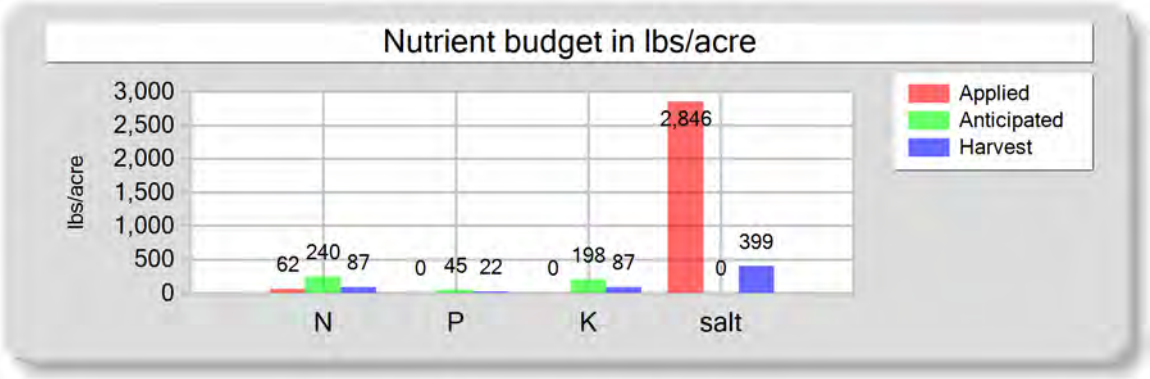

	Total N (lbs/acre)	Total P (lbs/acre)	Total K (lbs/acre)	Total salt (lbs/acre)
Existing soil nutrient content	0.00	0.00	0.00	0.00
Plowdown credit	0.00	0.00	0.00	0.00
Commercial fertilizer / Other	35.20	0.00	0.00	0.00
Dry manure	0.00	0.00	0.00	0.00
Process wastewater	0.00	0.00	0.00	0.00
Fresh water	20.29	0.00	0.00	2,846.25
Atmospheric deposition	7.00	0.00	0.00	0.00
Total nutrients applied	62.49	0.00	0.00	2,846.25
Anticipated crop nutrient removal	240.00	45.00	198.00	0.00
Actual crop nutrient removal	87.14	21.78	87.14	399.04
Nutrient balance	-24.64	-21.78	-87.14	2,447.21
Applied to removed ratio	0.72	0.00	0.00	7.13

Fresh water applied	
12,852,000.00	*gallons*
473.30	*acre-inches*
36.41	*inches/acre*

Process wastewater applied	
0.00	*gallons*
0.00	*acre-inches*
0.00	*inches/acre*

Total harvests for the crop	
1	*harvests*

Annual Report - General Order No. R5-2007-0035
Reporting period 01/01/2023 to 12/31/2023.

Field 14 - 11/04/2022: Wheat Hay

Field name: Field 14 Crop: Wheat Hay Plant date: 11/04/2022

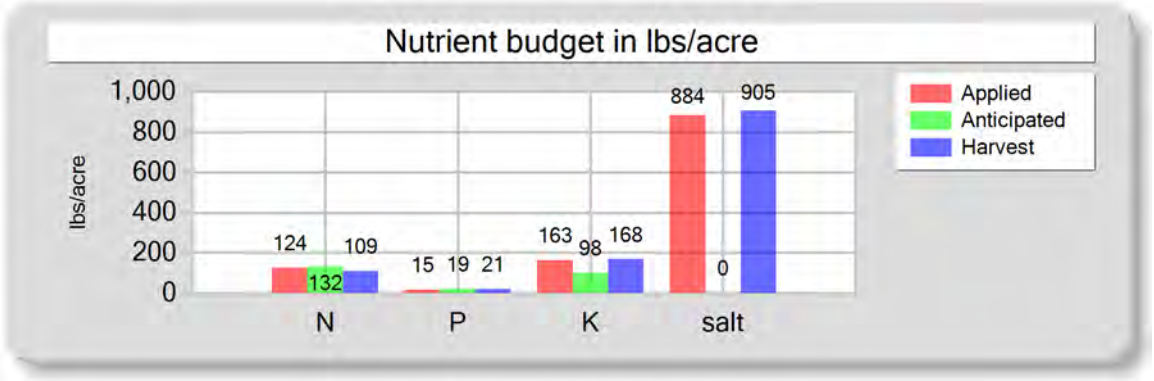

	Total N (lbs/acre)	Total P (lbs/acre)	Total K (lbs/acre)	Total salt (lbs/acre)
Existing soil nutrient content	0.00	0.00	0.00	0.00
Plowdown credit	0.00	0.00	0.00	0.00
Commercial fertilizer / Other	0.00	0.00	0.00	0.00
Dry manure	0.00	0.00	0.00	0.00
Process wastewater	117.08	15.37	162.58	883.59
Fresh water	0.00	0.00	0.00	0.00
Atmospheric deposition	7.00	0.00	0.00	0.00
Total nutrients applied	124.08	15.37	162.58	883.59
Anticipated crop nutrient removal	132.00	19.20	98.40	0.00
Actual crop nutrient removal	109.06	20.50	168.10	905.28
Nutrient balance	15.02	-5.13	-5.52	-21.69
Applied to removed ratio	1.14	0.75	0.97	0.98

Fresh water applied	
0.00	*gallons*
0.00	*acre-inches*
0.00	*inches/acre*

Process wastewater applied	
450,000.00	*gallons*
16.57	*acre-inches*
0.97	*inches/acre*

Total harvests for the crop	
1	*harvests*

Annual Report - General Order No. R5-2007-0035
Reporting period 01/01/2023 to 12/31/2023.

Field 14 - 07/19/2023: Corn, silage

Field name: Field 14 Crop: Corn, silage Plant date: 07/19/2023

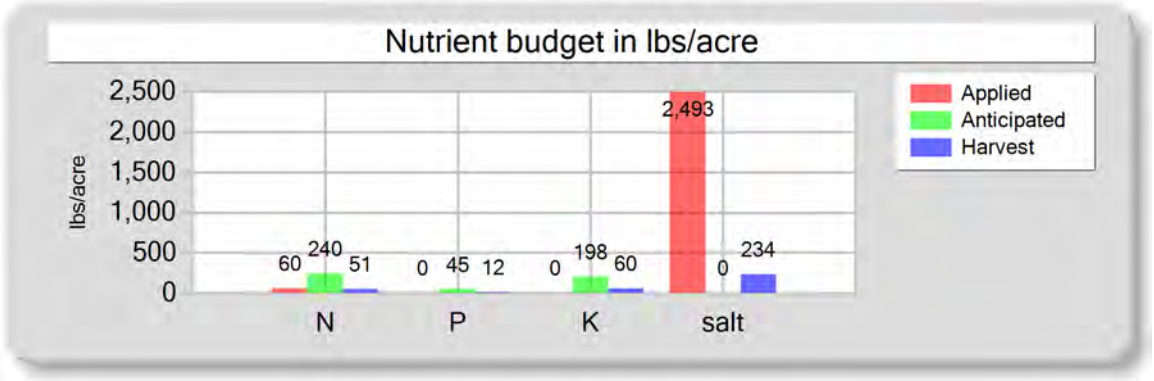

	Total N (lbs/acre)	Total P (lbs/acre)	Total K (lbs/acre)	Total salt (lbs/acre)
Existing soil nutrient content	0.00	0.00	0.00	0.00
Plowdown credit	0.00	0.00	0.00	0.00
Commercial fertilizer / Other	35.20	0.00	0.00	0.00
Dry manure	0.00	0.00	0.00	0.00
Process wastewater	0.00	0.00	0.00	0.00
Fresh water	17.78	0.00	0.00	2,493.07
Atmospheric deposition	7.00	0.00	0.00	0.00
Total nutrients applied	59.98	0.00	0.00	2,493.07
Anticipated crop nutrient removal	240.00	45.00	198.00	0.00
Actual crop nutrient removal	51.39	11.78	59.95	234.23
Nutrient balance	8.59	-11.78	-59.95	2,258.83
Applied to removed ratio	1.17	0.00	0.00	10.64

Fresh water applied	
14,721,000.00	*gallons*
542.12	*acre-inches*
31.89	*inches/acre*

Process wastewater applied	
0.00	*gallons*
0.00	*acre-inches*
0.00	*inches/acre*

Total harvests for the crop	
1	*harvests*

Annual Report - General Order No. R5-2007-0035
Reporting period 01/01/2023 to 12/31/2023.

Field 15 - 11/02/2022: Wheat, silage, soft dough

Field name: Field 15 Crop: Wheat, silage, soft dough Plant date: 11/02/2022

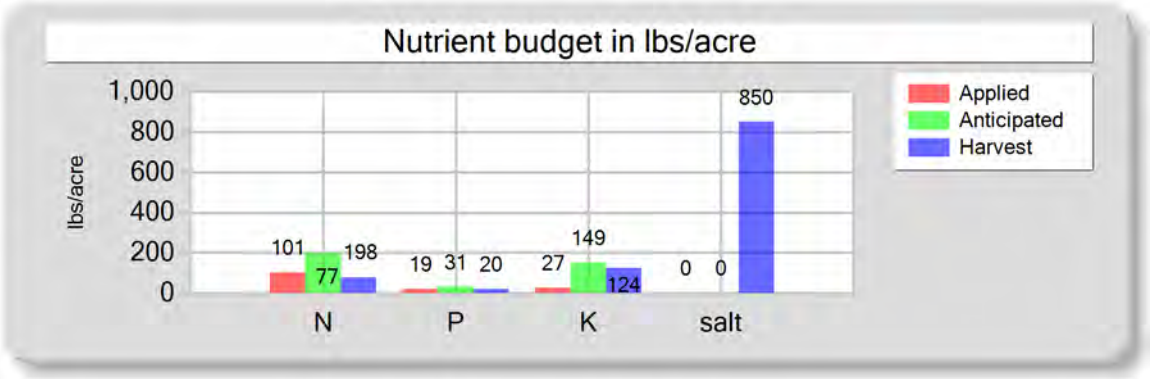

	Total N (lbs/acre)	Total P (lbs/acre)	Total K (lbs/acre)	Total salt (lbs/acre)
Existing soil nutrient content	0.00	0.00	0.00	0.00
Plowdown credit	0.00	0.00	0.00	0.00
Commercial fertilizer / Other	0.00	0.00	0.00	0.00
Dry manure	94.50	19.42	26.89	0.00
Process wastewater	0.00	0.00	0.00	0.00
Fresh water	0.00	0.00	0.00	0.00
Atmospheric deposition	7.00	0.00	0.00	0.00
Total nutrients applied	101.50	19.42	26.89	0.00
Anticipated crop nutrient removal	198.00	30.60	149.40	0.00
Actual crop nutrient removal	76.86	20.05	123.64	849.62
Nutrient balance	24.64	-0.63	-96.75	-849.62
Applied to removed ratio	1.32	0.97	0.22	0.00

Fresh water applied
0.00 *gallons*
0.00 *acre-inches*
0.00 *inches/acre*

Process wastewater applied
0.00 *gallons*
0.00 *acre-inches*
0.00 *inches/acre*

Total harvests for the crop
1 *harvests*

Annual Report - General Order No. R5-2007-0035
Reporting period 01/01/2023 to 12/31/2023.

Field 15 - 06/12/2023: Corn, silage

Field name: Field 15 Crop: Corn, silage Plant date: 06/12/2023

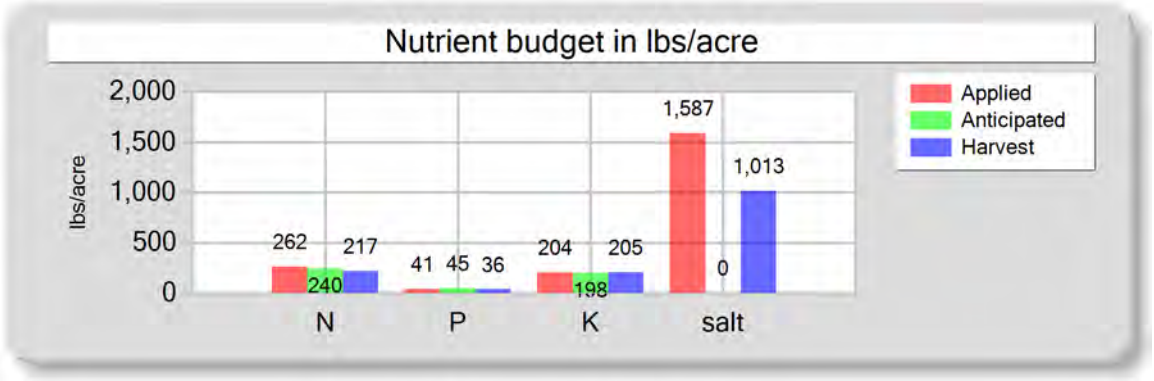

	Total N (lbs/acre)	Total P (lbs/acre)	Total K (lbs/acre)	Total salt (lbs/acre)
Existing soil nutrient content	0.00	0.00	0.00	0.00
Plowdown credit	0.00	0.00	0.00	0.00
Commercial fertilizer / Other	35.20	0.00	0.00	0.00
Dry manure	0.00	0.00	0.00	0.00
Process wastewater	210.12	40.72	204.43	906.68
Fresh water	9.20	0.00	0.00	680.57
Atmospheric deposition	7.00	0.00	0.00	0.00
Total nutrients applied	261.52	40.72	204.43	1,587.25
Anticipated crop nutrient removal	240.00	45.00	198.00	0.00
Actual crop nutrient removal	216.60	36.10	204.57	1,012.97
Nutrient balance	44.92	4.62	-0.14	574.29
Applied to removed ratio	1.21	1.13	1.00	1.57

Fresh water applied	
13,224,960.00	*gallons*
487.03	*acre-inches*
40.59	*inches/acre*

Process wastewater applied	
615,000.00	*gallons*
22.65	*acre-inches*
1.89	*inches/acre*

Total harvests for the crop	
1	*harvests*

Annual Report - General Order No. R5-2007-0035
Reporting period 01/01/2023 to 12/31/2023.

Field 16 - 11/03/2022: Wheat, silage, soft dough

Field name: Field 16 Crop: Wheat, silage, soft dough Plant date: 11/03/2022

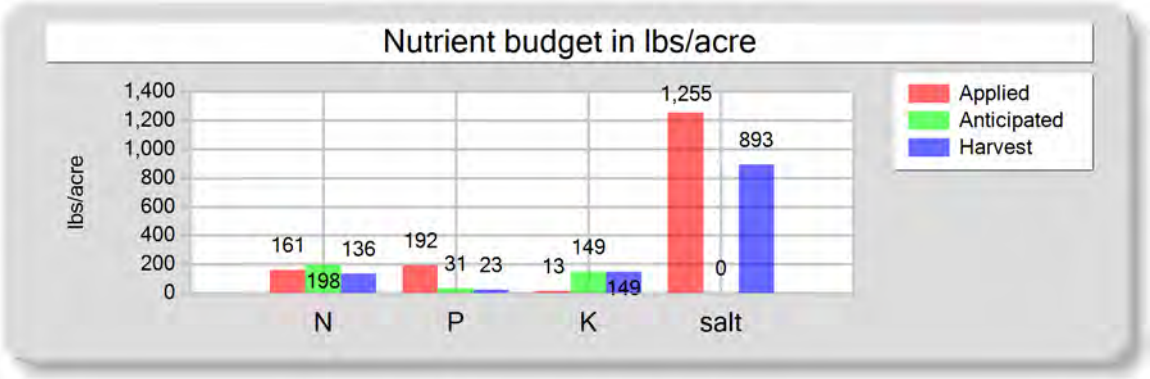

	Total N (lbs/acre)	Total P (lbs/acre)	Total K (lbs/acre)	Total salt (lbs/acre)
Existing soil nutrient content	0.00	0.00	0.00	0.00
Plowdown credit	0.00	0.00	0.00	0.00
Commercial fertilizer / Other	0.00	0.00	0.00	0.00
Dry manure	0.00	0.00	0.00	0.00
Process wastewater	154.41	192.38	12.84	1,254.81
Fresh water	0.00	0.00	0.00	0.00
Atmospheric deposition	7.00	0.00	0.00	0.00
Total nutrients applied	161.41	192.38	12.84	1,254.81
Anticipated crop nutrient removal	198.00	30.60	149.40	0.00
Actual crop nutrient removal	135.53	23.14	148.75	892.83
Nutrient balance	25.88	169.24	-135.91	361.98
Applied to removed ratio	1.19	8.31	0.09	1.41

Fresh water applied
0.00 *gallons*
0.00 *acre-inches*
0.00 *inches/acre*

Process wastewater applied
780,000.00 *gallons*
28.72 *acre-inches*
1.60 *inches/acre*

Total harvests for the crop
1 *harvests*

Annual Report - General Order No. R5-2007-0035
Reporting period 01/01/2023 to 12/31/2023.

Field 16 - 06/12/2023: Corn, silage

Field name: Field 16 Crop: Corn, silage Plant date: 06/12/2023

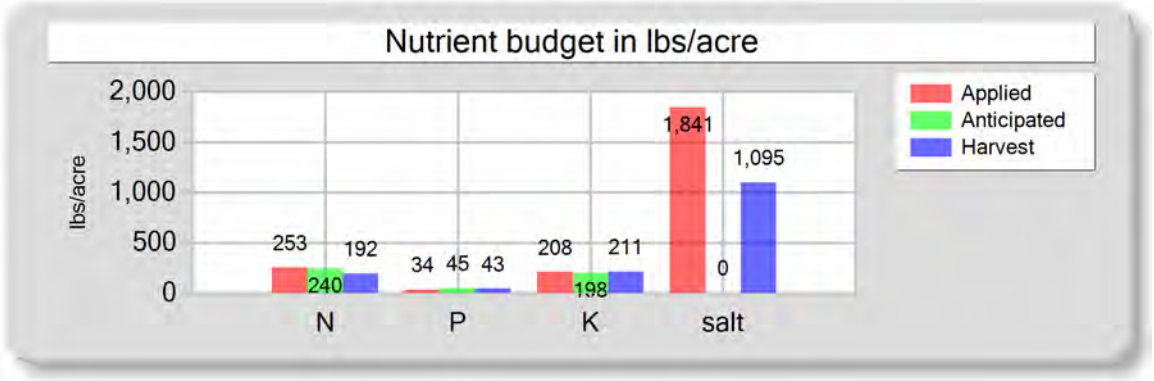

	Total N (lbs/acre)	Total P (lbs/acre)	Total K (lbs/acre)	Total salt (lbs/acre)
Existing soil nutrient content	0.00	0.00	0.00	0.00
Plowdown credit	0.00	0.00	0.00	0.00
Commercial fertilizer / Other	35.20	0.00	0.00	0.00
Dry manure	0.00	0.00	0.00	0.00
Process wastewater	201.69	33.68	207.87	1,184.16
Fresh water	8.87	0.00	0.00	656.59
Atmospheric deposition	7.00	0.00	0.00	0.00
Total nutrients applied	252.76	33.68	207.87	1,840.75
Anticipated crop nutrient removal	240.00	45.00	198.00	0.00
Actual crop nutrient removal	191.69	43.13	210.86	1,094.88
Nutrient balance	61.07	-9.45	-2.98	745.87
Applied to removed ratio	1.32	0.78	0.99	1.68

Fresh water applied	
19,138,560.00	*gallons*
704.81	*acre-inches*
39.16	*inches/acre*

Process wastewater applied	
810,000.00	*gallons*
29.83	*acre-inches*
1.66	*inches/acre*

Total harvests for the crop	
1	*harvests*

Annual Report - General Order No. R5-2007-0035
Reporting period 01/01/2023 to 12/31/2023.

Field 17 - 11/03/2022: Wheat, silage, soft dough

Field name: Field 17 Crop: Wheat, silage, soft dough Plant date: 11/03/2022

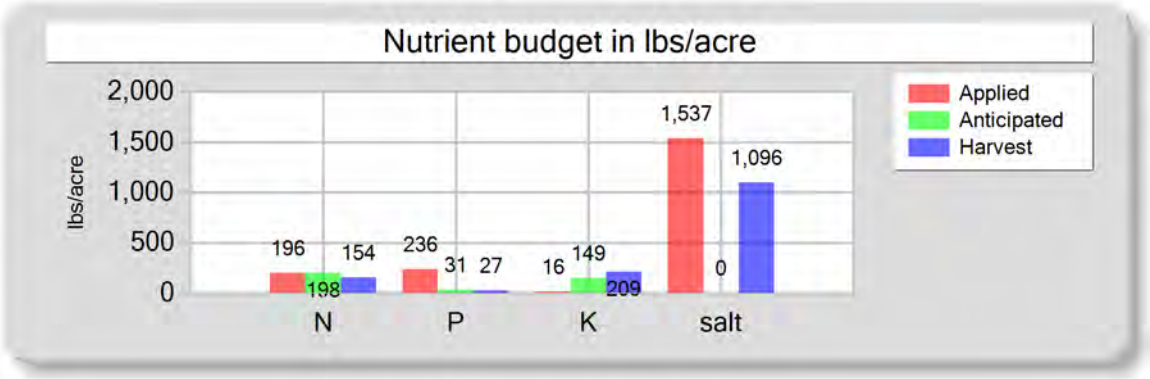

	Total N (lbs/acre)	Total P (lbs/acre)	Total K (lbs/acre)	Total salt (lbs/acre)
Existing soil nutrient content	0.00	0.00	0.00	0.00
Plowdown credit	0.00	0.00	0.00	0.00
Commercial fertilizer / Other	0.00	0.00	0.00	0.00
Dry manure	0.00	0.00	0.00	0.00
Process wastewater	189.13	235.64	15.72	1,536.96
Fresh water	0.00	0.00	0.00	0.00
Atmospheric deposition	7.00	0.00	0.00	0.00
Total nutrients applied	196.13	235.64	15.72	1,536.96
Anticipated crop nutrient removal	198.00	30.60	149.40	0.00
Actual crop nutrient removal	154.04	27.38	208.81	1,096.48
Nutrient balance	42.09	208.25	-193.08	440.48
Applied to removed ratio	1.27	8.60	0.08	1.40

Fresh water applied	
0.00	*gallons*
0.00	*acre-inches*
0.00	*inches/acre*

Process wastewater applied	
690,000.00	*gallons*
25.41	*acre-inches*
1.95	*inches/acre*

Total harvests for the crop	
1	*harvests*

Annual Report - General Order No. R5-2007-0035
Reporting period 01/01/2023 to 12/31/2023.

Field 17 - 06/12/2023: Corn, silage

Field name: Field 17 Crop: Corn, silage Plant date: 06/12/2023

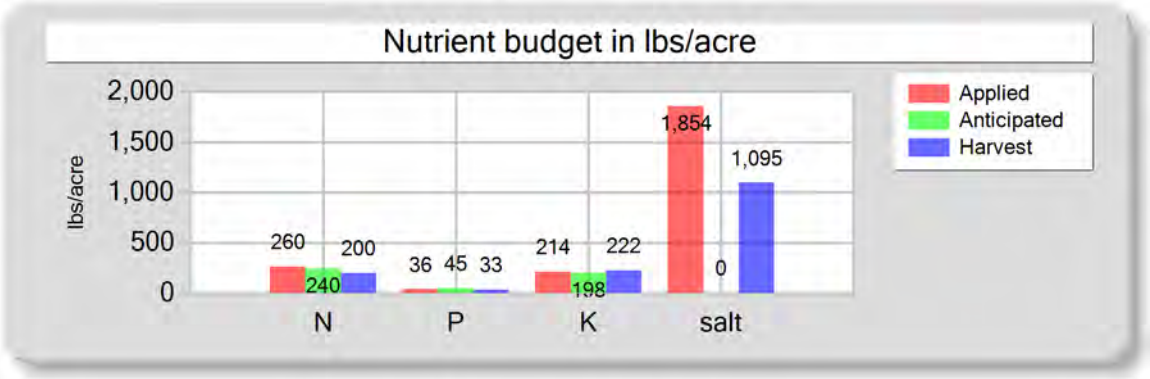

	Total N (lbs/acre)	Total P (lbs/acre)	Total K (lbs/acre)	Total salt (lbs/acre)
Existing soil nutrient content	0.00	0.00	0.00	0.00
Plowdown credit	0.00	0.00	0.00	0.00
Commercial fertilizer / Other	35.20	0.00	0.00	0.00
Dry manure	0.00	0.00	0.00	0.00
Process wastewater	209.03	35.77	213.59	1,177.22
Fresh water	9.15	0.00	0.00	676.74
Atmospheric deposition	7.00	0.00	0.00	0.00
Total nutrients applied	260.38	35.77	213.59	1,853.96
Anticipated crop nutrient removal	240.00	45.00	198.00	0.00
Actual crop nutrient removal	199.77	33.30	221.97	1,094.59
Nutrient balance	60.60	2.48	-8.38	759.37
Applied to removed ratio	1.30	1.07	0.96	1.69

Fresh water applied	
14,246,400.00	*gallons*
524.65	*acre-inches*
40.36	*inches/acre*

Process wastewater applied	
615,000.00	*gallons*
22.65	*acre-inches*
1.74	*inches/acre*

Total harvests for the crop	
1	*harvests*

Annual Report - General Order No. R5-2007-0035
Reporting period 01/01/2023 to 12/31/2023.

Field 18 - 11/03/2022: Wheat, silage, soft dough

Field name: Field 18 Crop: Wheat, silage, soft dough Plant date: 11/03/2022

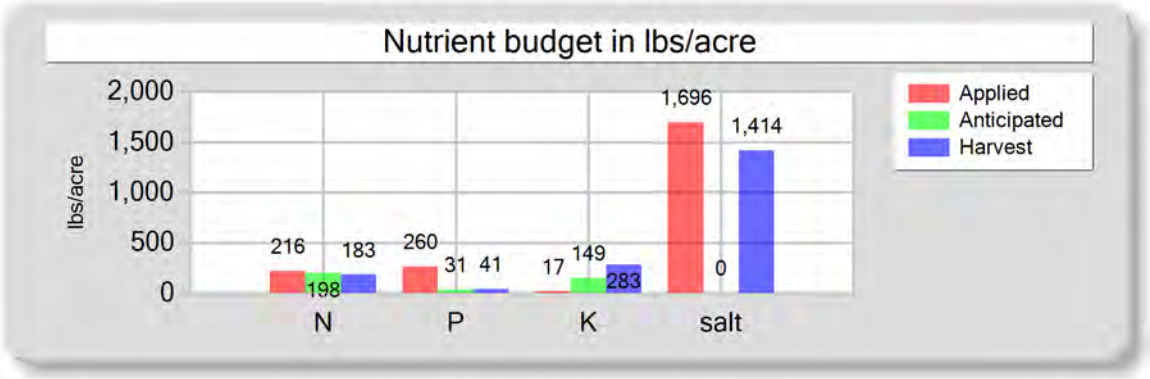

	Total N (lbs/acre)	Total P (lbs/acre)	Total K (lbs/acre)	Total salt (lbs/acre)
Existing soil nutrient content	0.00	0.00	0.00	0.00
Plowdown credit	0.00	0.00	0.00	0.00
Commercial fertilizer / Other	0.00	0.00	0.00	0.00
Dry manure	0.00	0.00	0.00	0.00
Process wastewater	208.71	260.03	17.35	1,696.06
Fresh water	0.00	0.00	0.00	0.00
Atmospheric deposition	7.00	0.00	0.00	0.00
Total nutrients applied	215.71	260.03	17.35	1,696.06
Anticipated crop nutrient removal	198.00	30.60	149.40	0.00
Actual crop nutrient removal	182.70	41.01	283.37	1,413.87
Nutrient balance	33.01	219.02	-266.02	282.19
Applied to removed ratio	1.18	6.34	0.06	1.20

Fresh water applied	
0.00	*gallons*
0.00	*acre-inches*
0.00	*inches/acre*

Process wastewater applied	
1,230,000.00	*gallons*
45.30	*acre-inches*
2.16	*inches/acre*

Total harvests for the crop	
1	*harvests*

Annual Report - General Order No. R5-2007-0035
Reporting period 01/01/2023 to 12/31/2023.

Field 18 - 06/09/2023: Corn, silage

Field name: Field 18 Crop: Corn, silage Plant date: 06/09/2023

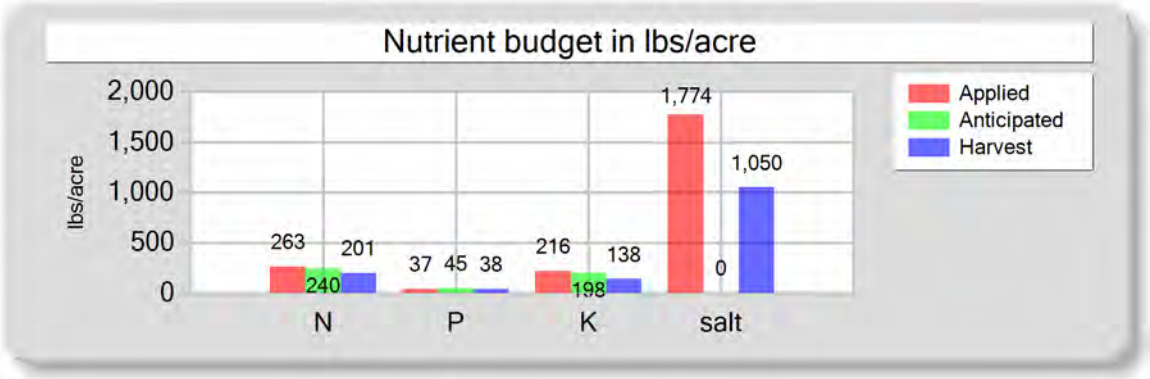

	Total N (lbs/acre)	Total P (lbs/acre)	Total K (lbs/acre)	Total salt (lbs/acre)
Existing soil nutrient content	0.00	0.00	0.00	0.00
Plowdown credit	0.00	0.00	0.00	0.00
Commercial fertilizer / Other	35.20	0.00	0.00	0.00
Dry manure	0.00	0.00	0.00	0.00
Process wastewater	212.89	36.93	216.45	1,169.73
Fresh water	8.16	0.00	0.00	603.89
Atmospheric deposition	7.00	0.00	0.00	0.00
Total nutrients applied	263.25	36.93	216.45	1,773.63
Anticipated crop nutrient removal	240.00	45.00	198.00	0.00
Actual crop nutrient removal	200.56	38.20	138.48	1,049.93
Nutrient balance	62.69	-1.27	77.96	723.69
Applied to removed ratio	1.31	0.97	1.56	1.69

Fresh water applied	
20,536,320.00	*gallons*
756.28	*acre-inches*
36.01	*inches/acre*

Process wastewater applied	
1,020,000.00	*gallons*
37.56	*acre-inches*
1.79	*inches/acre*

Total harvests for the crop	
1	*harvests*

Annual Report - General Order No. R5-2007-0035
Reporting period 01/01/2023 to 12/31/2023.

Field 19 - 11/03/2022: Wheat, silage, soft dough

Field name: Field 19 Crop: Wheat, silage, soft dough Plant date: 11/03/2022

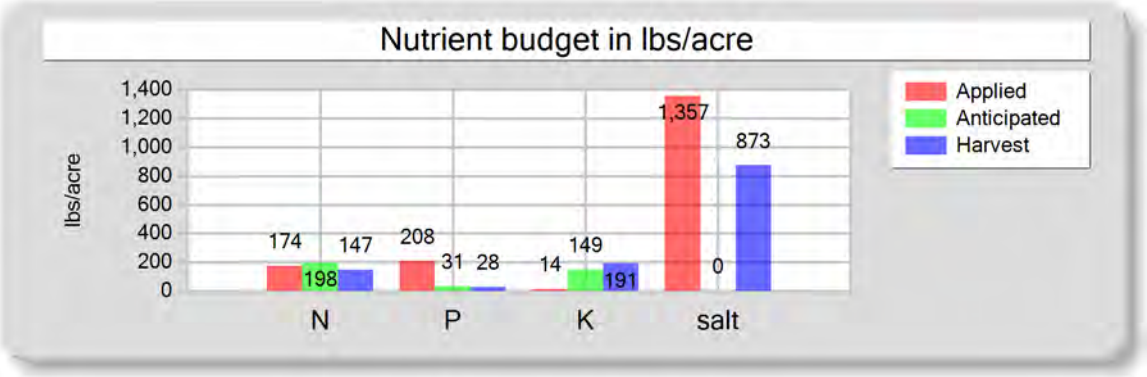

	Total N (lbs/acre)	Total P (lbs/acre)	Total K (lbs/acre)	Total salt (lbs/acre)
Existing soil nutrient content	0.00	0.00	0.00	0.00
Plowdown credit	0.00	0.00	0.00	0.00
Commercial fertilizer / Other	0.00	0.00	0.00	0.00
Dry manure	0.00	0.00	0.00	0.00
Process wastewater	167.03	208.10	13.89	1,357.37
Fresh water	0.00	0.00	0.00	0.00
Atmospheric deposition	7.00	0.00	0.00	0.00
Total nutrients applied	174.03	208.10	13.89	1,357.37
Anticipated crop nutrient removal	198.00	30.60	149.40	0.00
Actual crop nutrient removal	147.15	28.18	190.98	872.63
Nutrient balance	26.88	179.93	-177.09	484.74
Applied to removed ratio	1.18	7.39	0.07	1.56

Fresh water applied	
0.00	*gallons*
0.00	*acre-inches*
0.00	*inches/acre*

Process wastewater applied	
2,250,000.00	*gallons*
82.86	*acre-inches*
1.73	*inches/acre*

Total harvests for the crop	
1	*harvests*

Annual Report - General Order No. R5-2007-0035
Reporting period 01/01/2023 to 12/31/2023.

Field 19 - 07/07/2023: Corn, silage

Field name: Field 19 Crop: Corn, silage Plant date: 07/07/2023

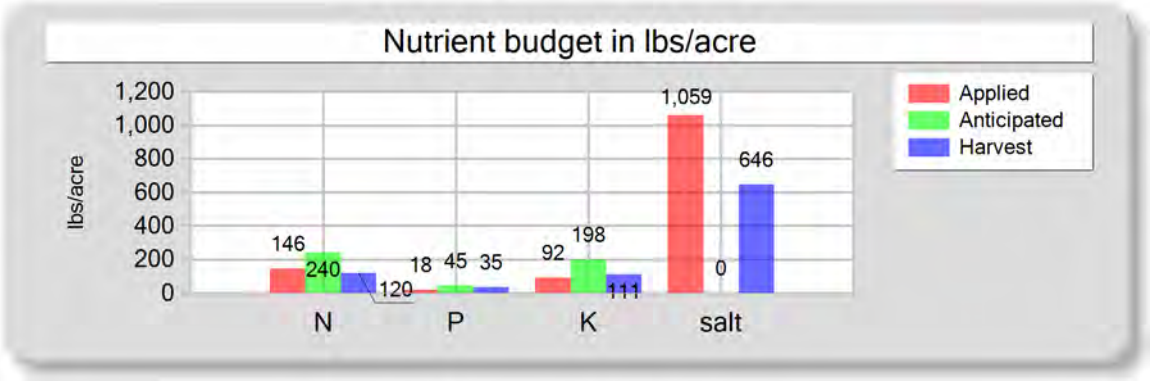

	Total N (lbs/acre)	Total P (lbs/acre)	Total K (lbs/acre)	Total salt (lbs/acre)
Existing soil nutrient content	0.00	0.00	0.00	0.00
Plowdown credit	0.00	0.00	0.00	0.00
Commercial fertilizer / Other	35.20	0.00	0.00	0.00
Dry manure	0.00	0.00	0.00	0.00
Process wastewater	94.81	18.37	92.24	409.11
Fresh water	8.79	0.00	0.00	650.14
Atmospheric deposition	7.00	0.00	0.00	0.00
Total nutrients applied	145.80	18.37	92.24	1,059.25
Anticipated crop nutrient removal	240.00	45.00	198.00	0.00
Actual crop nutrient removal	119.70	35.04	110.94	645.81
Nutrient balance	26.09	-16.66	-18.70	413.44
Applied to removed ratio	1.22	0.52	0.83	1.64

Fresh water applied	
50,534,400.00	*gallons*
1,861.01	*acre-inches*
38.77	*inches/acre*

Process wastewater applied	
1,110,000.00	*gallons*
40.88	*acre-inches*
0.85	*inches/acre*

Total harvests for the crop	
1	*harvests*

Annual Report - General Order No. R5-2007-0035
Reporting period 01/01/2023 to 12/31/2023.

Field 2 - 11/01/2022: Wheat, silage, soft dough

Field name: Field 2 Crop: Wheat, silage, soft dough Plant date: 11/01/2022

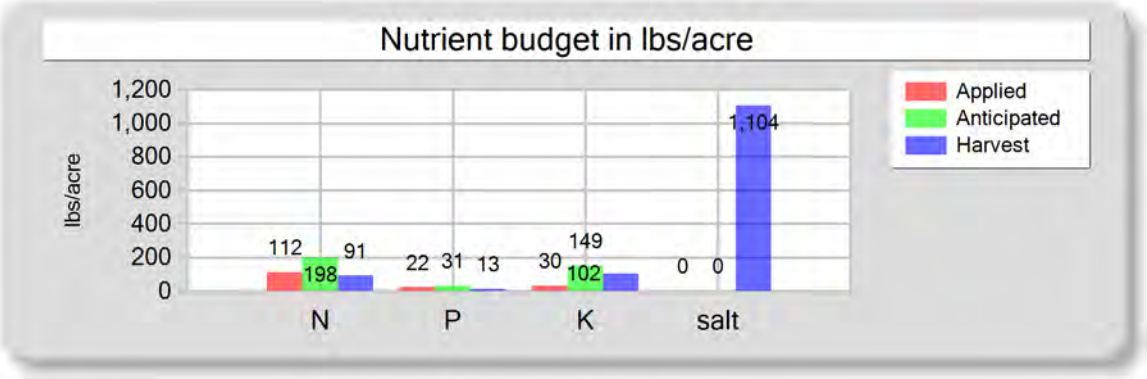

	Total N (lbs/acre)	Total P (lbs/acre)	Total K (lbs/acre)	Total salt (lbs/acre)
Existing soil nutrient content	0.00	0.00	0.00	0.00
Plowdown credit	0.00	0.00	0.00	0.00
Commercial fertilizer / Other	0.00	0.00	0.00	0.00
Dry manure	105.00	21.58	29.88	0.00
Process wastewater	0.00	0.00	0.00	0.00
Fresh water	0.00	0.00	0.00	0.00
Atmospheric deposition	7.00	0.00	0.00	0.00
Total nutrients applied	112.00	21.58	29.88	0.00
Anticipated crop nutrient removal	198.00	30.60	149.40	0.00
Actual crop nutrient removal	90.89	13.37	101.59	1,103.77
Nutrient balance	21.10	8.21	-71.71	-1,103.77
Applied to removed ratio	1.23	1.61	0.29	0.00

Fresh water applied
0.00 *gallons*
0.00 *acre-inches*
0.00 *inches/acre*

Process wastewater applied
0.00 *gallons*
0.00 *acre-inches*
0.00 *inches/acre*

Total harvests for the crop
1 *harvests*

Annual Report - General Order No. R5-2007-0035
Reporting period 01/01/2023 to 12/31/2023.

Field 2 - 07/05/2023: Corn, silage

Field name: Field 2 Crop: Corn, silage Plant date: 07/05/2023

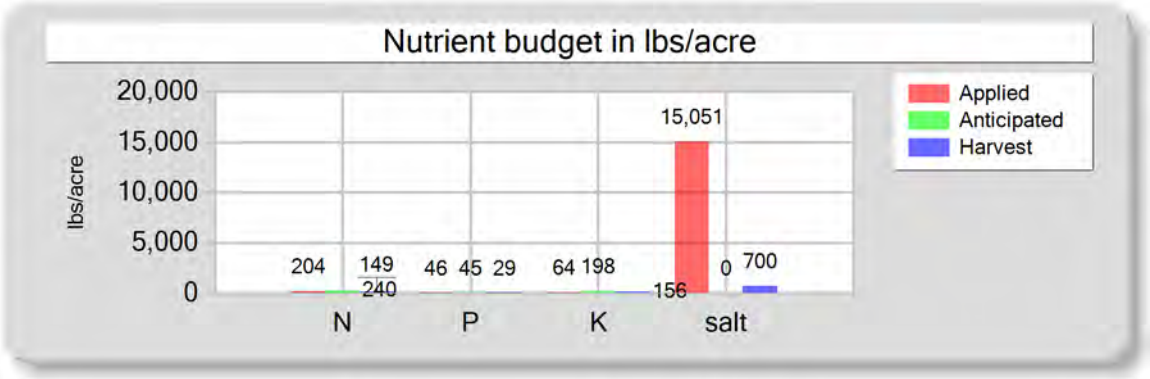

	Total N (lbs/acre)	Total P (lbs/acre)	Total K (lbs/acre)	Total salt (lbs/acre)
Existing soil nutrient content	0.00	0.00	0.00	0.00
Plowdown credit	0.00	0.00	0.00	0.00
Commercial fertilizer / Other	35.20	0.00	0.00	0.00
Dry manure	132.29	46.30	64.49	13,493.38
Process wastewater	0.00	0.00	0.00	0.00
Fresh water	29.11	0.00	0.00	1,557.53
Atmospheric deposition	7.00	0.00	0.00	0.00
Total nutrients applied	203.60	46.30	64.49	15,050.90
Anticipated crop nutrient removal	240.00	45.00	198.00	0.00
Actual crop nutrient removal	149.10	29.09	156.38	700.42
Nutrient balance	54.49	17.21	-91.89	14,350.48
Applied to removed ratio	1.37	1.59	0.41	21.49

Fresh water applied	
6,228,480.00	*gallons*
229.37	*acre-inches*
38.23	*inches/acre*

Process wastewater applied	
0.00	*gallons*
0.00	*acre-inches*
0.00	*inches/acre*

Total harvests for the crop	
1	*harvests*

Annual Report - General Order No. R5-2007-0035
Reporting period 01/01/2023 to 12/31/2023.

Field 20 - 11/03/2022: Wheat, silage, soft dough

Field name: Field 20 Crop: Wheat, silage, soft dough Plant date: 11/03/2022

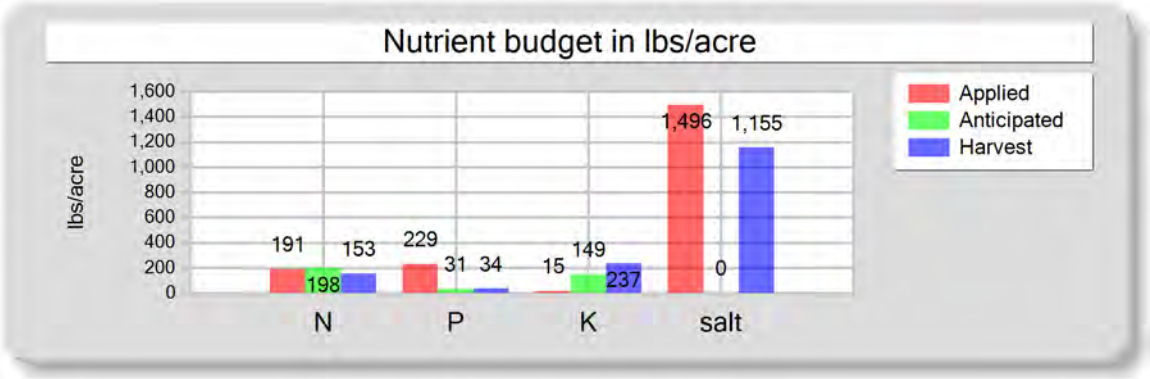

	Total N (lbs/acre)	Total P (lbs/acre)	Total K (lbs/acre)	Total salt (lbs/acre)
Existing soil nutrient content	0.00	0.00	0.00	0.00
Plowdown credit	0.00	0.00	0.00	0.00
Commercial fertilizer / Other	0.00	0.00	0.00	0.00
Dry manure	0.00	0.00	0.00	0.00
Process wastewater	184.10	229.38	15.31	1,496.12
Fresh water	0.00	0.00	0.00	0.00
Atmospheric deposition	7.00	0.00	0.00	0.00
Total nutrients applied	191.10	229.38	15.31	1,496.12
Anticipated crop nutrient removal	198.00	30.60	149.40	0.00
Actual crop nutrient removal	152.56	33.90	237.32	1,155.30
Nutrient balance	38.54	195.47	-222.01	340.82
Applied to removed ratio	1.25	6.77	0.06	1.30

Fresh water applied	
0.00	*gallons*
0.00	*acre-inches*
0.00	*inches/acre*

Process wastewater applied	
930,000.00	*gallons*
34.25	*acre-inches*
1.90	*inches/acre*

Total harvests for the crop	
1	*harvests*

Annual Report - General Order No. R5-2007-0035
Reporting period 01/01/2023 to 12/31/2023.

Field 20 - 07/09/2023: Corn, silage

Field name: Field 20 Crop: Corn, silage Plant date: 07/09/2023

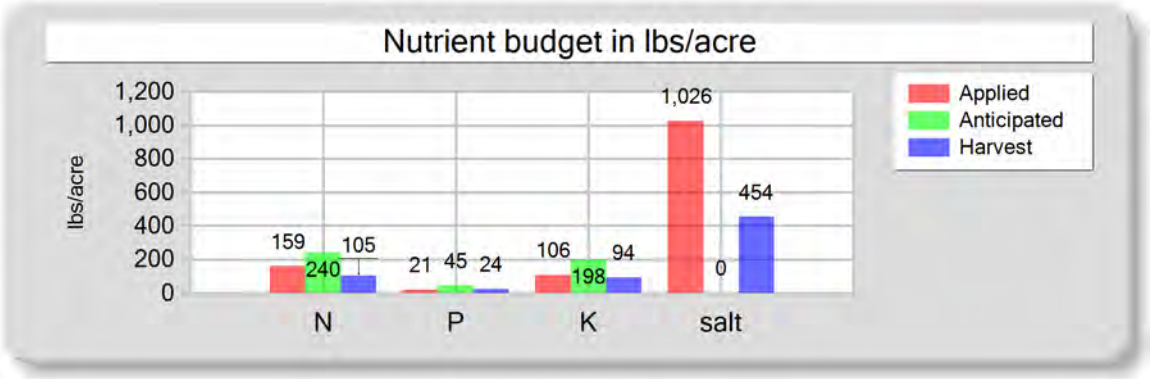

	Total N (lbs/acre)	Total P (lbs/acre)	Total K (lbs/acre)	Total salt (lbs/acre)
Existing soil nutrient content	0.00	0.00	0.00	0.00
Plowdown credit	0.00	0.00	0.00	0.00
Commercial fertilizer / Other	35.20	0.00	0.00	0.00
Dry manure	0.00	0.00	0.00	0.00
Process wastewater	109.33	21.19	106.37	471.77
Fresh water	7.49	0.00	0.00	553.92
Atmospheric deposition	7.00	0.00	0.00	0.00
Total nutrients applied	159.02	21.19	106.37	1,025.70
Anticipated crop nutrient removal	240.00	45.00	198.00	0.00
Actual crop nutrient removal	104.53	23.96	93.64	453.61
Nutrient balance	54.48	-2.77	12.73	572.09
Applied to removed ratio	1.52	0.88	1.14	2.26

Fresh water applied	
16,146,000.00	*gallons*
594.60	*acre-inches*
33.03	*inches/acre*

Process wastewater applied	
480,000.00	*gallons*
17.68	*acre-inches*
0.98	*inches/acre*

Total harvests for the crop	
1	*harvests*

Annual Report - General Order No. R5-2007-0035
Reporting period 01/01/2023 to 12/31/2023.

Field 21 - 11/02/2022: Wheat, silage, soft dough

Field name: Field 21 Crop: Wheat, silage, soft dough Plant date: 11/02/2022

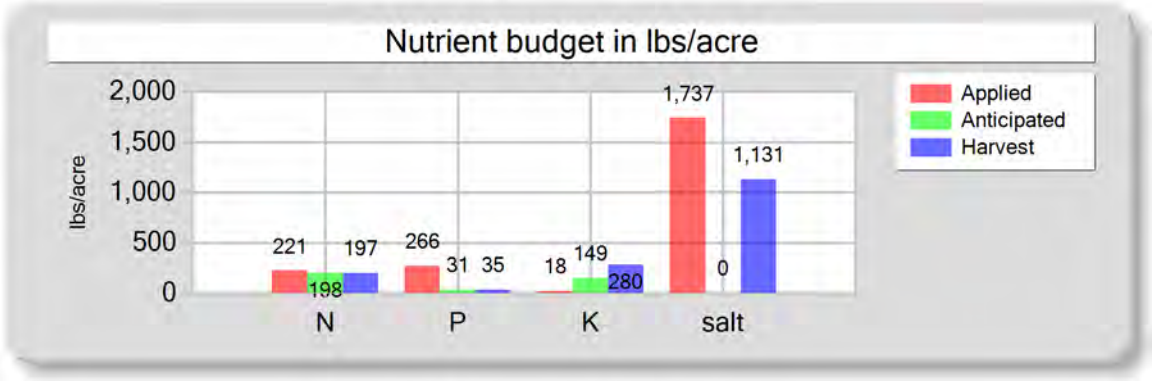

	Total N (lbs/acre)	Total P (lbs/acre)	Total K (lbs/acre)	Total salt (lbs/acre)
Existing soil nutrient content	0.00	0.00	0.00	0.00
Plowdown credit	0.00	0.00	0.00	0.00
Commercial fertilizer / Other	0.00	0.00	0.00	0.00
Dry manure	0.00	0.00	0.00	0.00
Process wastewater	213.80	266.37	17.77	1,737.43
Fresh water	0.00	0.00	0.00	0.00
Atmospheric deposition	7.00	0.00	0.00	0.00
Total nutrients applied	220.80	266.37	17.77	1,737.43
Anticipated crop nutrient removal	198.00	30.60	149.40	0.00
Actual crop nutrient removal	196.99	35.02	280.16	1,130.53
Nutrient balance	23.81	231.35	-262.39	606.90
Applied to removed ratio	1.12	7.61	0.06	1.54

Fresh water applied	
0.00	*gallons*
0.00	*acre-inches*
0.00	*inches/acre*

Process wastewater applied	
480,000.00	*gallons*
17.68	*acre-inches*
2.21	*inches/acre*

Total harvests for the crop	
1	*harvests*

Annual Report - General Order No. R5-2007-0035
Reporting period 01/01/2023 to 12/31/2023.

Field 21 - 07/09/2023: Corn, silage

Field name: Field 21 Crop: Corn, silage Plant date: 07/09/2023

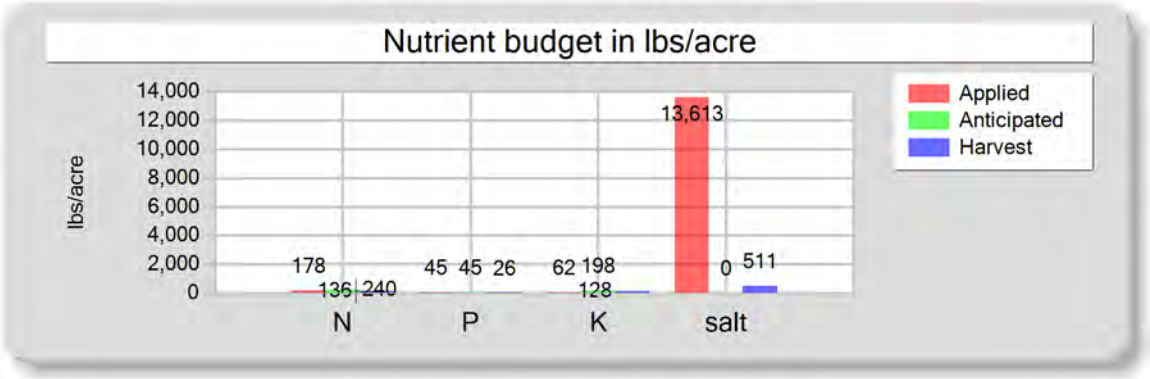

	Total N (lbs/acre)	Total P (lbs/acre)	Total K (lbs/acre)	Total salt (lbs/acre)
Existing soil nutrient content	0.00	0.00	0.00	0.00
Plowdown credit	0.00	0.00	0.00	0.00
Commercial fertilizer / Other	35.20	0.00	0.00	0.00
Dry manure	127.20	44.52	62.01	12,974.40
Process wastewater	0.00	0.00	0.00	0.00
Fresh water	8.64	0.00	0.00	639.07
Atmospheric deposition	7.00	0.00	0.00	0.00
Total nutrients applied	178.04	44.52	62.01	13,613.47
Anticipated crop nutrient removal	240.00	45.00	198.00	0.00
Actual crop nutrient removal	136.32	25.56	127.80	510.52
Nutrient balance	41.72	18.96	-65.79	13,102.95
Applied to removed ratio	1.31	1.74	0.49	26.67

Fresh water applied	
8,279,040.00	*gallons*
304.89	*acre-inches*
38.11	*inches/acre*

Process wastewater applied	
0.00	*gallons*
0.00	*acre-inches*
0.00	*inches/acre*

Total harvests for the crop	
1	*harvests*

Annual Report - General Order No. R5-2007-0035
Reporting period 01/01/2023 to 12/31/2023.

Field 22 - 11/02/2022: Wheat, silage, soft dough

Field name: Field 22 Crop: Wheat, silage, soft dough Plant date: 11/02/2022

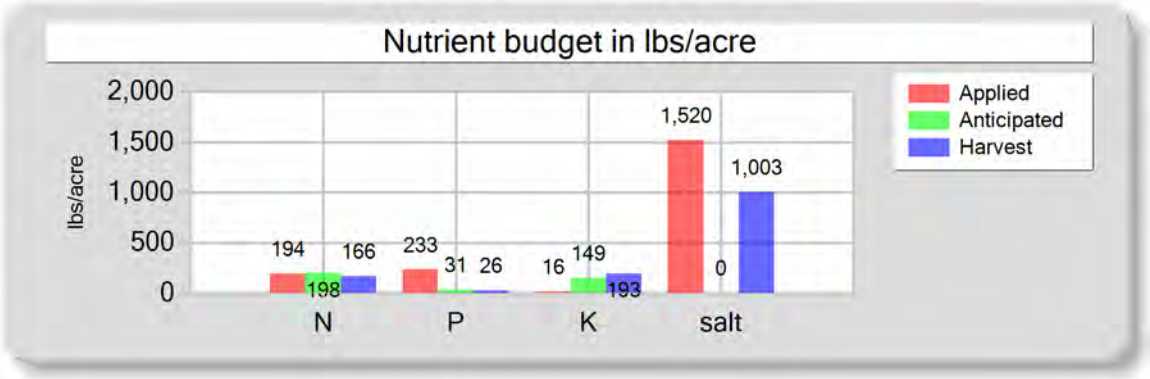

	Total N (lbs/acre)	Total P (lbs/acre)	Total K (lbs/acre)	Total salt (lbs/acre)
Existing soil nutrient content	0.00	0.00	0.00	0.00
Plowdown credit	0.00	0.00	0.00	0.00
Commercial fertilizer / Other	0.00	0.00	0.00	0.00
Dry manure	0.00	0.00	0.00	0.00
Process wastewater	187.07	233.08	15.55	1,520.25
Fresh water	0.00	0.00	0.00	0.00
Atmospheric deposition	7.00	0.00	0.00	0.00
Total nutrients applied	194.07	233.08	15.55	1,520.25
Anticipated crop nutrient removal	198.00	30.60	149.40	0.00
Actual crop nutrient removal	166.14	26.43	192.58	1,003.36
Nutrient balance	27.93	206.64	-177.02	516.89
Applied to removed ratio	1.17	8.82	0.08	1.52

Fresh water applied	
0.00	*gallons*
0.00	*acre-inches*
0.00	*inches/acre*

Process wastewater applied	
1,050,000.00	*gallons*
38.67	*acre-inches*
1.93	*inches/acre*

Total harvests for the crop	
1	*harvests*

Annual Report - General Order No. R5-2007-0035
Reporting period 01/01/2023 to 12/31/2023.

Field 22 - 07/08/2023: Corn, silage

Field name: Field 22 Crop: Corn, silage Plant date: 07/08/2023

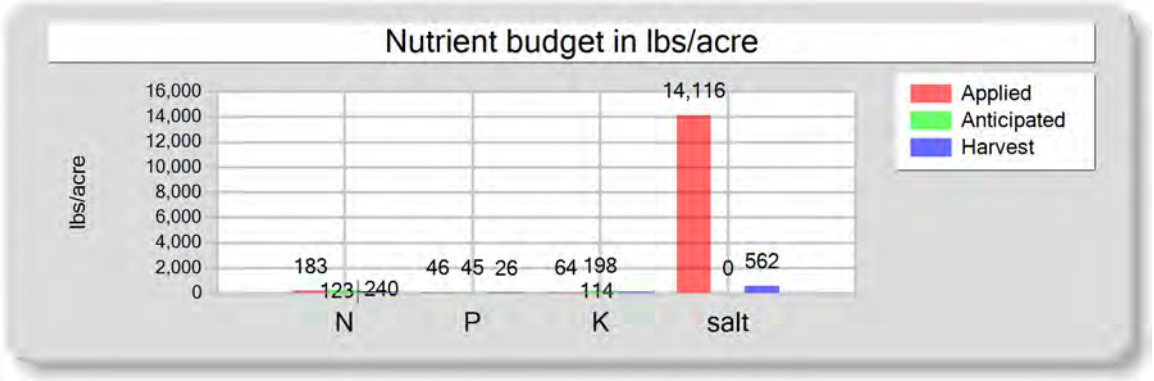

	Total N (lbs/acre)	Total P (lbs/acre)	Total K (lbs/acre)	Total salt (lbs/acre)
Existing soil nutrient content	0.00	0.00	0.00	0.00
Plowdown credit	0.00	0.00	0.00	0.00
Commercial fertilizer / Other	35.20	0.00	0.00	0.00
Dry manure	132.29	46.30	64.49	13,493.38
Process wastewater	0.00	0.00	0.00	0.00
Fresh water	8.41	0.00	0.00	622.47
Atmospheric deposition	7.00	0.00	0.00	0.00
Total nutrients applied	182.90	46.30	64.49	14,115.85
Anticipated crop nutrient removal	240.00	45.00	198.00	0.00
Actual crop nutrient removal	123.02	25.75	114.44	561.76
Nutrient balance	59.88	20.55	-49.95	13,554.09
Applied to removed ratio	1.49	1.80	0.56	25.13

Fresh water applied	
20,160,000.00	*gallons*
742.42	*acre-inches*
37.12	*inches/acre*

Process wastewater applied	
0.00	*gallons*
0.00	*acre-inches*
0.00	*inches/acre*

Total harvests for the crop	
1	*harvests*

Annual Report - General Order No. R5-2007-0035
Reporting period 01/01/2023 to 12/31/2023.

Field 23 - 11/04/2022: Wheat Hay

Field name: Field 23 Crop: Wheat Hay Plant date: 11/04/2022

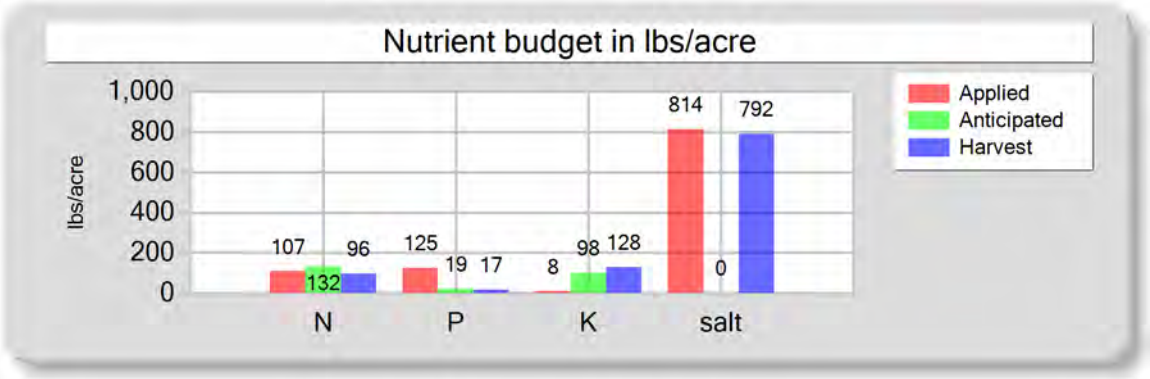

	Total N (lbs/acre)	Total P (lbs/acre)	Total K (lbs/acre)	Total salt (lbs/acre)
Existing soil nutrient content	0.00	0.00	0.00	0.00
Plowdown credit	0.00	0.00	0.00	0.00
Commercial fertilizer / Other	0.00	0.00	0.00	0.00
Dry manure	0.00	0.00	0.00	0.00
Process wastewater	100.22	124.86	8.33	814.42
Fresh water	0.00	0.00	0.00	0.00
Atmospheric deposition	7.00	0.00	0.00	0.00
Total nutrients applied	107.22	124.86	8.33	814.42
Anticipated crop nutrient removal	132.00	19.20	98.40	0.00
Actual crop nutrient removal	95.76	16.80	127.68	791.56
Nutrient balance	11.46	108.06	-119.35	22.86
Applied to removed ratio	1.12	7.43	0.07	1.03

Fresh water applied	
0.00	*gallons*
0.00	*acre-inches*
0.00	*inches/acre*

Process wastewater applied	
450,000.00	*gallons*
16.57	*acre-inches*
1.04	*inches/acre*

Total harvests for the crop	
1	*harvests*

Annual Report - General Order No. R5-2007-0035
Reporting period 01/01/2023 to 12/31/2023.

Field 23 - 07/17/2023: Corn, silage

Field name: Field 23 Crop: Corn, silage Plant date: 07/17/2023

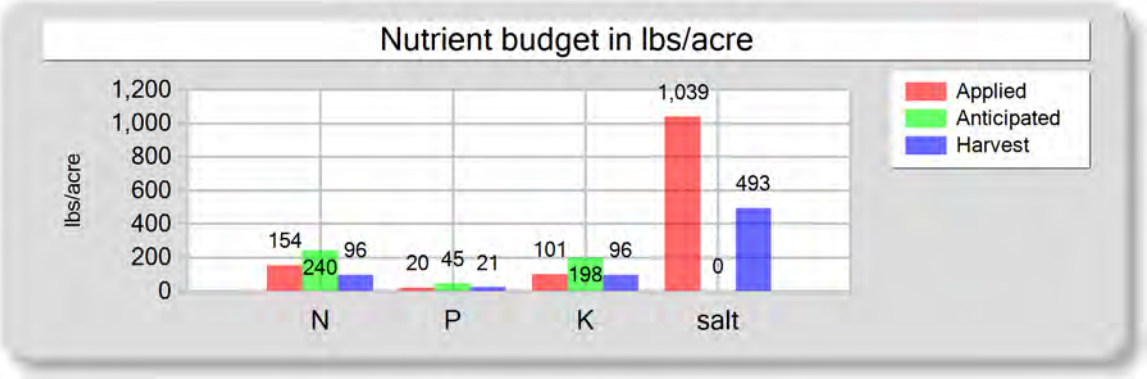

	Total N (lbs/acre)	Total P (lbs/acre)	Total K (lbs/acre)	Total salt (lbs/acre)
Existing soil nutrient content	0.00	0.00	0.00	0.00
Plowdown credit	0.00	0.00	0.00	0.00
Commercial fertilizer / Other	35.20	0.00	0.00	0.00
Dry manure	0.00	0.00	0.00	0.00
Process wastewater	103.78	20.11	100.97	447.81
Fresh water	7.98	0.00	0.00	590.86
Atmospheric deposition	7.00	0.00	0.00	0.00
Total nutrients applied	153.96	20.11	100.97	1,038.67
Anticipated crop nutrient removal	240.00	45.00	198.00	0.00
Actual crop nutrient removal	96.36	21.41	96.36	493.45
Nutrient balance	57.61	-1.30	4.61	545.22
Applied to removed ratio	1.60	0.94	1.05	2.10

Fresh water applied	
15,309,000.00	*gallons*
563.78	*acre-inches*
35.24	*inches/acre*

Process wastewater applied	
405,000.00	*gallons*
14.91	*acre-inches*
0.93	*inches/acre*

Total harvests for the crop	
1	*harvests*

Annual Report - General Order No. R5-2007-0035
Reporting period 01/01/2023 to 12/31/2023.

Field 24 - 11/03/2022: Wheat, silage, soft dough

Field name: Field 24 Crop: Wheat, silage, soft dough Plant date: 11/03/2022

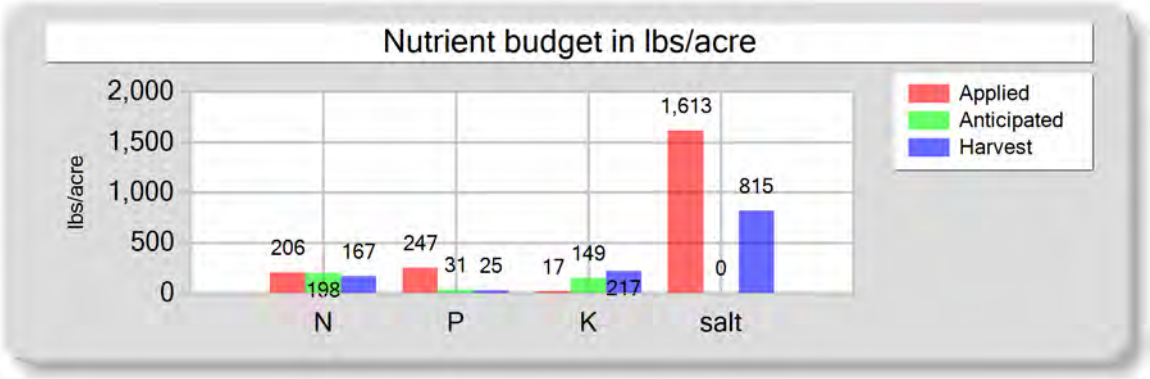

	Total N (lbs/acre)	Total P (lbs/acre)	Total K (lbs/acre)	Total salt (lbs/acre)
Existing soil nutrient content	0.00	0.00	0.00	0.00
Plowdown credit	0.00	0.00	0.00	0.00
Commercial fertilizer / Other	0.00	0.00	0.00	0.00
Dry manure	0.00	0.00	0.00	0.00
Process wastewater	198.53	247.35	16.51	1,613.33
Fresh water	0.00	0.00	0.00	0.00
Atmospheric deposition	7.00	0.00	0.00	0.00
Total nutrients applied	205.53	247.35	16.51	1,613.33
Anticipated crop nutrient removal	198.00	30.60	149.40	0.00
Actual crop nutrient removal	167.25	24.78	216.80	814.92
Nutrient balance	38.28	222.57	-200.29	798.41
Applied to removed ratio	1.23	9.98	0.08	1.98

Fresh water applied	
0.00	*gallons*
0.00	*acre-inches*
0.00	*inches/acre*

Process wastewater applied	
780,000.00	*gallons*
28.72	*acre-inches*
2.05	*inches/acre*

Total harvests for the crop	
1	*harvests*

Annual Report - General Order No. R5-2007-0035
Reporting period 01/01/2023 to 12/31/2023.

Field 24 - 07/25/2023: Corn, silage

Field name: Field 24 Crop: Corn, silage Plant date: 07/25/2023

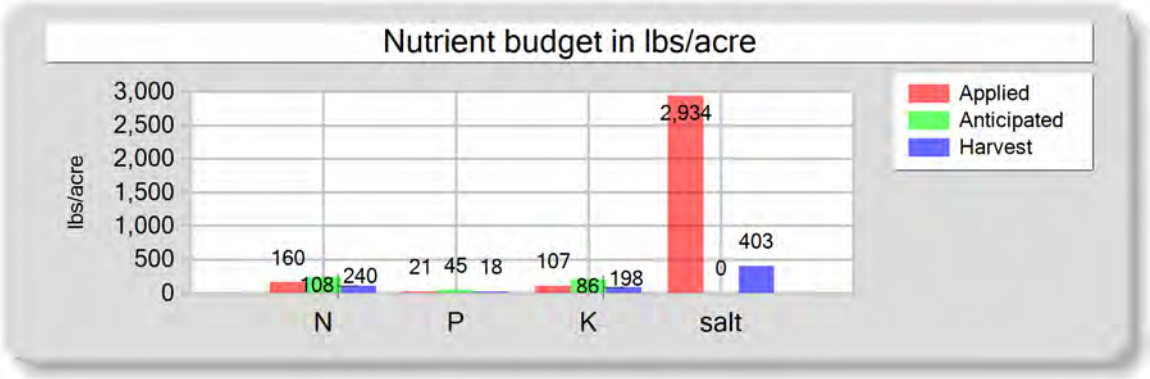

	Total N (lbs/acre)	Total P (lbs/acre)	Total K (lbs/acre)	Total salt (lbs/acre)
Existing soil nutrient content	0.00	0.00	0.00	0.00
Plowdown credit	0.00	0.00	0.00	0.00
Commercial fertilizer / Other	35.20	0.00	0.00	0.00
Dry manure	0.00	0.00	0.00	0.00
Process wastewater	109.82	21.28	106.85	473.88
Fresh water	8.01	0.00	0.00	2,460.54
Atmospheric deposition	7.00	0.00	0.00	0.00
Total nutrients applied	160.03	21.28	106.85	2,934.41
Anticipated crop nutrient removal	240.00	45.00	198.00	0.00
Actual crop nutrient removal	107.70	18.46	86.16	403.32
Nutrient balance	52.33	2.82	20.69	2,531.09
Applied to removed ratio	1.49	1.15	1.24	7.28

Fresh water applied	
13,446,000.00	*gallons*
495.17	*acre-inches*
35.37	*inches/acre*

Process wastewater applied	
375,000.00	*gallons*
13.81	*acre-inches*
0.99	*inches/acre*

Total harvests for the crop	
1	*harvests*

Annual Report - General Order No. R5-2007-0035
Reporting period 01/01/2023 to 12/31/2023.

Field 25 - 11/04/2022: Wheat, silage, soft dough

Field name: Field 25 Crop: Wheat, silage, soft dough Plant date: 11/04/2022

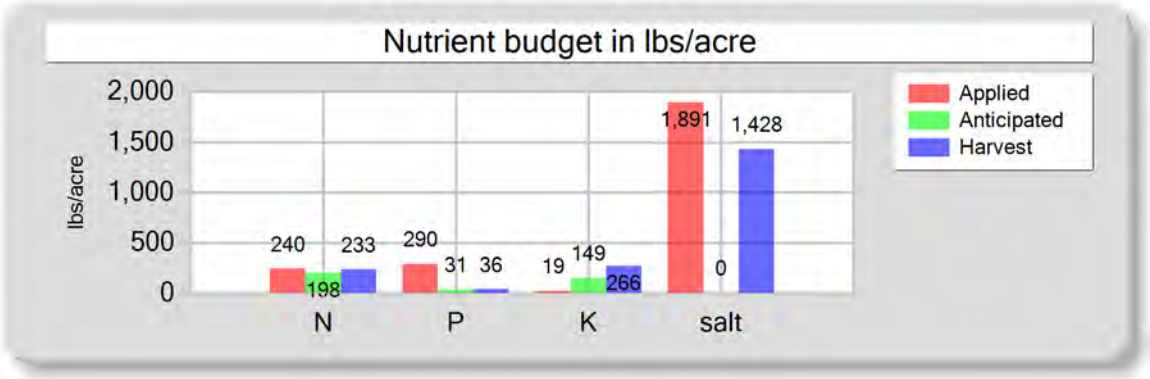

	Total N (lbs/acre)	Total P (lbs/acre)	Total K (lbs/acre)	Total salt (lbs/acre)
Existing soil nutrient content	0.00	0.00	0.00	0.00
Plowdown credit	0.00	0.00	0.00	0.00
Commercial fertilizer / Other	0.00	0.00	0.00	0.00
Dry manure	0.00	0.00	0.00	0.00
Process wastewater	232.66	289.88	19.34	1,890.73
Fresh water	0.00	0.00	0.00	0.00
Atmospheric deposition	7.00	0.00	0.00	0.00
Total nutrients applied	239.66	289.88	19.34	1,890.73
Anticipated crop nutrient removal	198.00	30.60	149.40	0.00
Actual crop nutrient removal	233.26	36.45	266.06	1,428.29
Nutrient balance	6.40	253.43	-246.72	462.44
Applied to removed ratio	1.03	7.95	0.07	1.32

Fresh water applied
0.00 *gallons*
0.00 *acre-inches*
0.00 *inches/acre*

Process wastewater applied
1,110,000.00 *gallons*
40.88 *acre-inches*
2.40 *inches/acre*

Total harvests for the crop
1 *harvests*

Annual Report - General Order No. R5-2007-0035
Reporting period 01/01/2023 to 12/31/2023.

Field 25 - 07/30/2023: Corn, silage

Field name: Field 25 Crop: Corn, silage Plant date: 07/30/2023

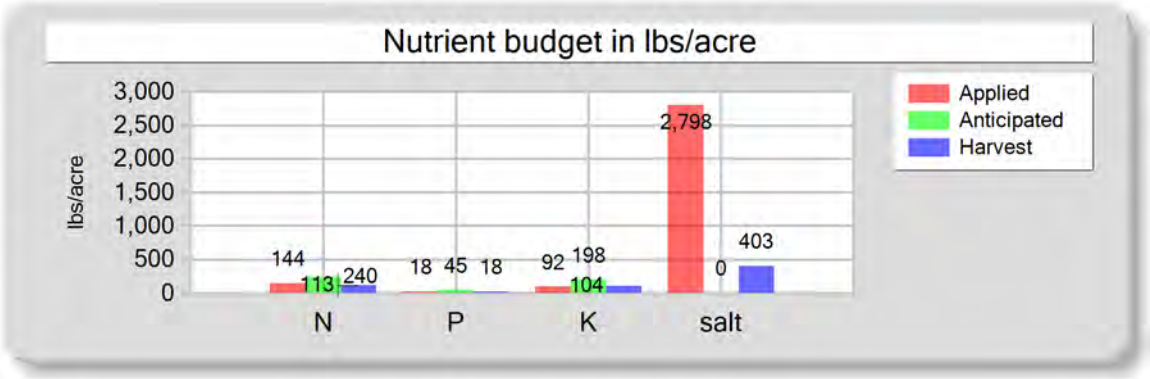

	Total N (lbs/acre)	Total P (lbs/acre)	Total K (lbs/acre)	Total salt (lbs/acre)
Existing soil nutrient content	0.00	0.00	0.00	0.00
Plowdown credit	0.00	0.00	0.00	0.00
Commercial fertilizer / Other	35.20	0.00	0.00	0.00
Dry manure	0.00	0.00	0.00	0.00
Process wastewater	94.06	18.23	91.51	405.86
Fresh water	7.79	0.00	0.00	2,392.53
Atmospheric deposition	7.00	0.00	0.00	0.00
Total nutrients applied	144.05	18.23	91.51	2,798.39
Anticipated crop nutrient removal	240.00	45.00	198.00	0.00
Actual crop nutrient removal	112.79	17.81	103.89	402.67
Nutrient balance	31.26	0.42	-12.38	2,395.72
Applied to removed ratio	1.28	1.02	0.88	6.95

Fresh water applied	
15,876,000.00	*gallons*
584.66	*acre-inches*
34.39	*inches/acre*

Process wastewater applied	
390,000.00	*gallons*
14.36	*acre-inches*
0.84	*inches/acre*

Total harvests for the crop	
1	*harvests*

Annual Report - General Order No. R5-2007-0035
Reporting period 01/01/2023 to 12/31/2023.

Field 26 - 11/04/2022: Wheat, silage, soft dough

Field name: Field 26 Crop: Wheat, silage, soft dough Plant date: 11/04/2022

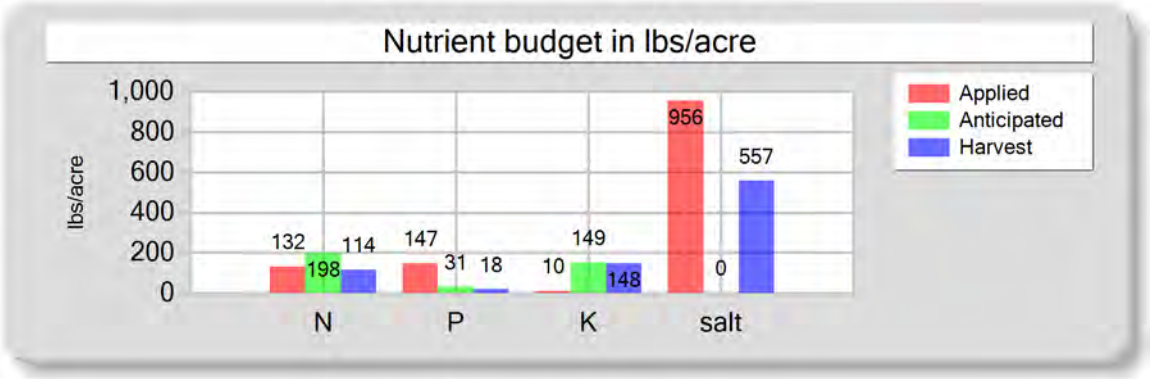

	Total N (lbs/acre)	Total P (lbs/acre)	Total K (lbs/acre)	Total salt (lbs/acre)
Existing soil nutrient content	0.00	0.00	0.00	0.00
Plowdown credit	0.00	0.00	0.00	0.00
Commercial fertilizer / Other	0.00	0.00	0.00	0.00
Dry manure	0.00	0.00	0.00	0.00
Process wastewater	117.59	146.50	9.78	955.59
Fresh water	0.00	0.00	0.00	0.00
Atmospheric deposition	14.00	0.00	0.00	0.00
Total nutrients applied	131.59	146.50	9.78	955.59
Anticipated crop nutrient removal	198.00	30.60	149.40	0.00
Actual crop nutrient removal	114.18	17.84	148.07	556.93
Nutrient balance	17.41	128.66	-138.30	398.66
Applied to removed ratio	1.15	8.21	0.07	1.72

Fresh water applied	
0.00	*gallons*
0.00	*acre-inches*
0.00	*inches/acre*

Process wastewater applied	
330,000.00	*gallons*
12.15	*acre-inches*
1.22	*inches/acre*

Total harvests for the crop	
1	*harvests*

Annual Report - General Order No. R5-2007-0035
Reporting period 01/01/2023 to 12/31/2023.

Field 27 - 11/03/2022: Wheat, silage, soft dough

Field name: Field 27 Crop: Wheat, silage, soft dough Plant date: 11/03/2022

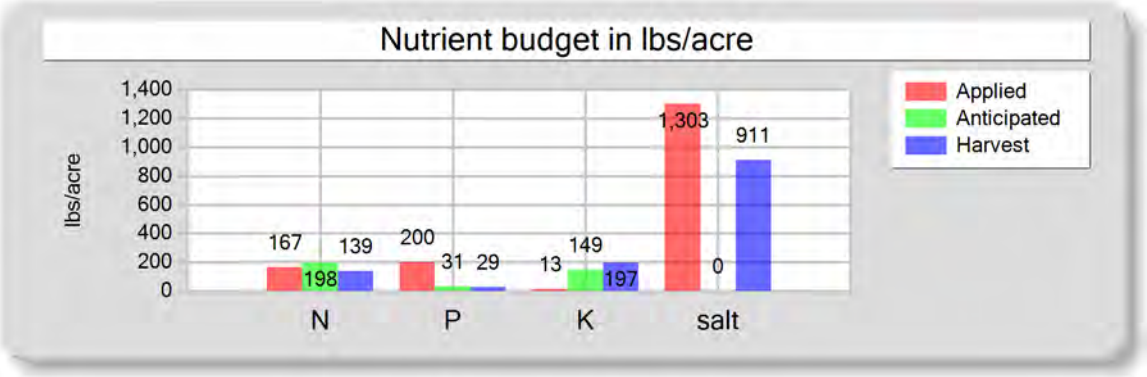

	Total N (lbs/acre)	Total P (lbs/acre)	Total K (lbs/acre)	Total salt (lbs/acre)
Existing soil nutrient content	0.00	0.00	0.00	0.00
Plowdown credit	0.00	0.00	0.00	0.00
Commercial fertilizer / Other	0.00	0.00	0.00	0.00
Dry manure	0.00	0.00	0.00	0.00
Process wastewater	160.35	199.78	13.33	1,303.07
Fresh water	0.00	0.00	0.00	0.00
Atmospheric deposition	7.00	0.00	0.00	0.00
Total nutrients applied	167.35	199.78	13.33	1,303.07
Anticipated crop nutrient removal	198.00	30.60	149.40	0.00
Actual crop nutrient removal	139.40	28.70	196.80	911.43
Nutrient balance	27.95	171.08	-183.47	391.64
Applied to removed ratio	1.20	6.96	0.07	1.43

Fresh water applied
0.00 *gallons*
0.00 *acre-inches*
0.00 *inches/acre*

Process wastewater applied
270,000.00 *gallons*
9.94 *acre-inches*
1.66 *inches/acre*

Total harvests for the crop
1 *harvests*

Annual Report - General Order No. R5-2007-0035
Reporting period 01/01/2023 to 12/31/2023.

Field 27 - 06/24/2023: Corn, silage

Field name: Field 27 Crop: Corn, silage Plant date: 06/24/2023

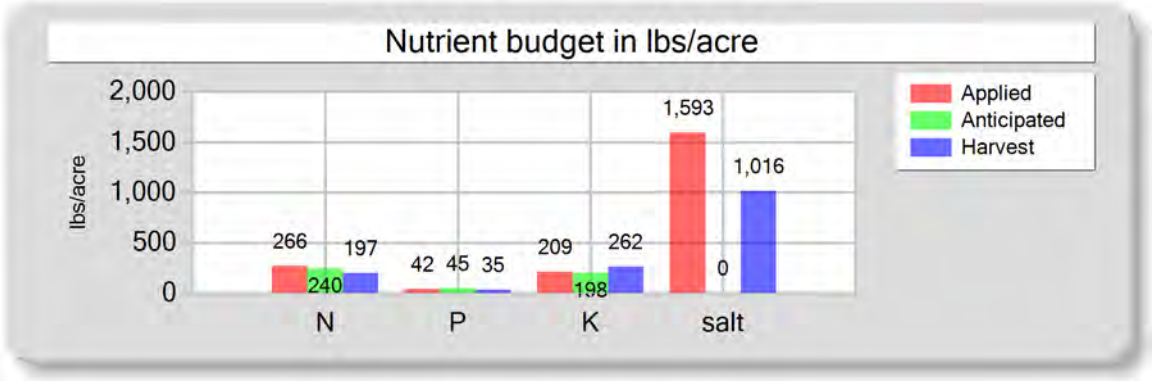

	Total N (lbs/acre)	Total P (lbs/acre)	Total K (lbs/acre)	Total salt (lbs/acre)
Existing soil nutrient content	0.00	0.00	0.00	0.00
Plowdown credit	0.00	0.00	0.00	0.00
Commercial fertilizer / Other	35.20	0.00	0.00	0.00
Dry manure	0.00	0.00	0.00	0.00
Process wastewater	215.24	41.71	209.42	928.80
Fresh water	8.97	0.00	0.00	663.97
Atmospheric deposition	7.00	0.00	0.00	0.00
Total nutrients applied	266.42	41.71	209.42	1,592.77
Anticipated crop nutrient removal	240.00	45.00	198.00	0.00
Actual crop nutrient removal	196.80	34.99	262.40	1,016.01
Nutrient balance	69.62	6.72	-52.98	576.75
Applied to removed ratio	1.35	1.19	0.80	1.57

Fresh water applied	
6,451,200.00	*gallons*
237.58	*acre-inches*
39.60	*inches/acre*

Process wastewater applied	
315,000.00	*gallons*
11.60	*acre-inches*
1.93	*inches/acre*

Total harvests for the crop	
1	*harvests*

Annual Report - General Order No. R5-2007-0035
Reporting period 01/01/2023 to 12/31/2023.

Field 28 - 11/05/2022: Wheat, silage, soft dough

Field name: Field 28 Crop: Wheat, silage, soft dough Plant date: 11/05/2022

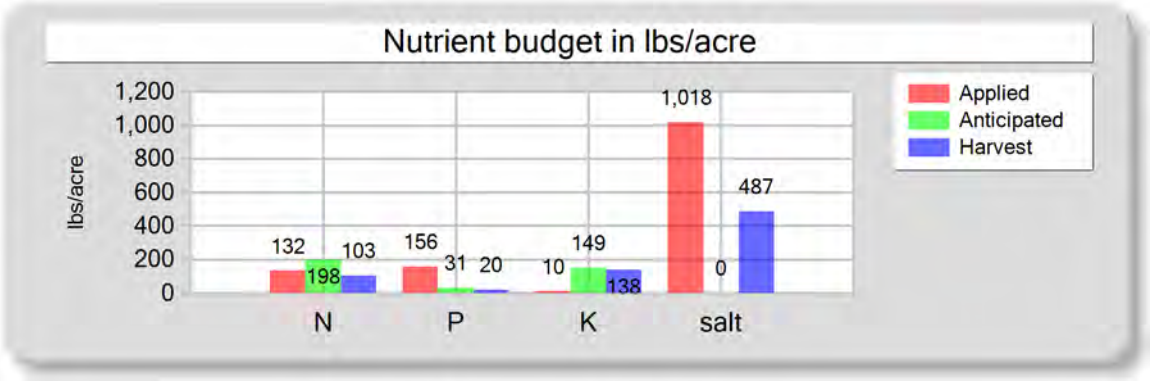

	Total N (lbs/acre)	Total P (lbs/acre)	Total K (lbs/acre)	Total salt (lbs/acre)
Existing soil nutrient content	0.00	0.00	0.00	0.00
Plowdown credit	0.00	0.00	0.00	0.00
Commercial fertilizer / Other	0.00	0.00	0.00	0.00
Dry manure	0.00	0.00	0.00	0.00
Process wastewater	125.23	156.02	10.41	1,017.64
Fresh water	0.00	0.00	0.00	0.00
Atmospheric deposition	7.00	0.00	0.00	0.00
Total nutrients applied	132.23	156.02	10.41	1,017.64
Anticipated crop nutrient removal	198.00	30.60	149.40	0.00
Actual crop nutrient removal	103.13	19.64	137.50	487.11
Nutrient balance	29.10	136.37	-127.09	530.53
Applied to removed ratio	1.28	7.94	0.08	2.09

Fresh water applied	
0.00	*gallons*
0.00	*acre-inches*
0.00	*inches/acre*

Process wastewater applied	
1,230,000.00	*gallons*
45.30	*acre-inches*
1.29	*inches/acre*

Total harvests for the crop	
1	*harvests*

Annual Report - General Order No. R5-2007-0035
Reporting period 01/01/2023 to 12/31/2023.

Field 28 - 06/28/2023: Corn, silage

Field name: Field 28 Crop: Corn, silage Plant date: 06/28/2023

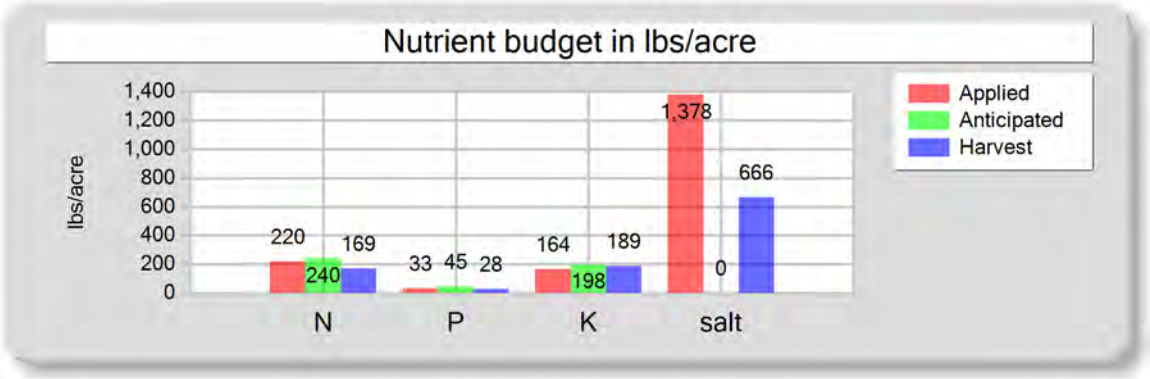

	Total N (lbs/acre)	Total P (lbs/acre)	Total K (lbs/acre)	Total salt (lbs/acre)
Existing soil nutrient content	0.00	0.00	0.00	0.00
Plowdown credit	0.00	0.00	0.00	0.00
Commercial fertilizer / Other	35.20	0.00	0.00	0.00
Dry manure	0.00	0.00	0.00	0.00
Process wastewater	168.68	32.69	164.12	727.87
Fresh water	8.78	0.00	0.00	649.74
Atmospheric deposition	7.00	0.00	0.00	0.00
Total nutrients applied	219.66	32.69	164.12	1,377.62
Anticipated crop nutrient removal	240.00	45.00	198.00	0.00
Actual crop nutrient removal	168.98	28.16	189.10	665.88
Nutrient balance	50.68	4.52	-24.99	711.74
Applied to removed ratio	1.30	1.16	0.87	2.07

Fresh water applied	
36,825,600.00	*gallons*
1,356.16	*acre-inches*
38.75	*inches/acre*

Process wastewater applied	
1,440,000.00	*gallons*
53.03	*acre-inches*
1.52	*inches/acre*

Total harvests for the crop	
1	*harvests*

Annual Report - General Order No. R5-2007-0035
Reporting period 01/01/2023 to 12/31/2023.

Field 29 - 11/04/2022: Wheat, silage, soft dough

Field name: Field 29 Crop: Wheat, silage, soft dough Plant date: 11/04/2022

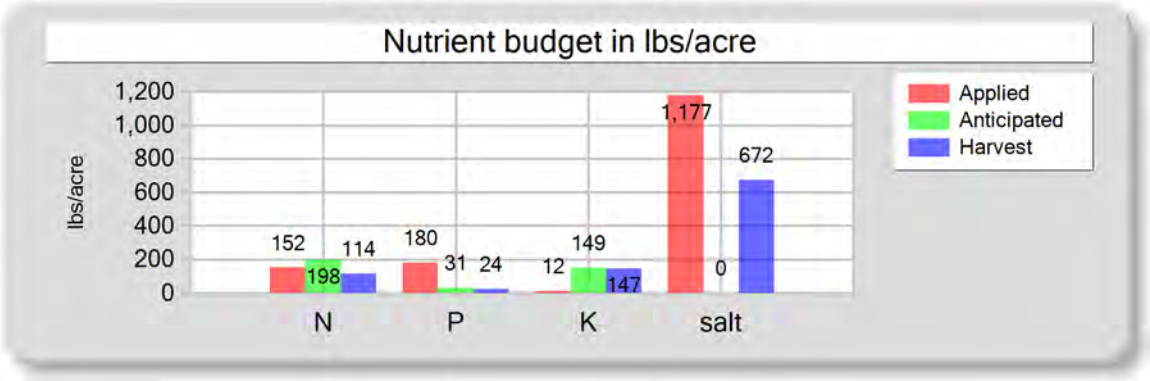

	Total N (lbs/acre)	Total P (lbs/acre)	Total K (lbs/acre)	Total salt (lbs/acre)
Existing soil nutrient content	0.00	0.00	0.00	0.00
Plowdown credit	0.00	0.00	0.00	0.00
Commercial fertilizer / Other	0.00	0.00	0.00	0.00
Dry manure	0.00	0.00	0.00	0.00
Process wastewater	144.83	180.45	12.04	1,176.97
Fresh water	0.00	0.00	0.00	0.00
Atmospheric deposition	7.00	0.00	0.00	0.00
Total nutrients applied	151.83	180.45	12.04	1,176.97
Anticipated crop nutrient removal	198.00	30.60	149.40	0.00
Actual crop nutrient removal	114.32	24.07	147.41	672.37
Nutrient balance	37.51	156.38	-135.37	504.59
Applied to removed ratio	1.33	7.50	0.08	1.75

Fresh water applied	
0.00	*gallons*
0.00	*acre-inches*
0.00	*inches/acre*

Process wastewater applied	
1,260,000.00	*gallons*
46.40	*acre-inches*
1.50	*inches/acre*

Total harvests for the crop	
1	*harvests*

Annual Report - General Order No. R5-2007-0035
Reporting period 01/01/2023 to 12/31/2023.

Field 29 - 06/01/2023: Corn, silage

Field name: Field 29 Crop: Corn, silage Plant date: 06/01/2023

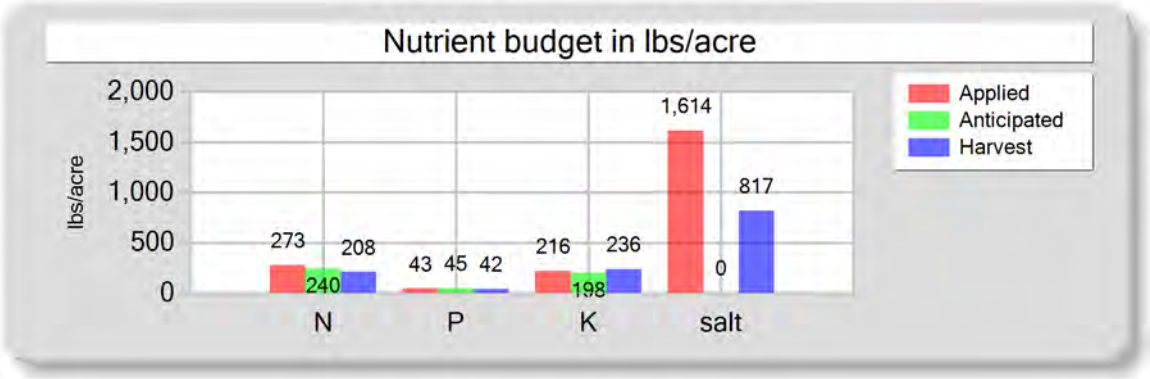

	Total N (lbs/acre)	Total P (lbs/acre)	Total K (lbs/acre)	Total salt (lbs/acre)
Existing soil nutrient content	0.00	0.00	0.00	0.00
Plowdown credit	0.00	0.00	0.00	0.00
Commercial fertilizer / Other	35.20	0.00	0.00	0.00
Dry manure	0.00	0.00	0.00	0.00
Process wastewater	222.19	43.05	216.17	958.76
Fresh water	8.86	0.00	0.00	655.40
Atmospheric deposition	7.00	0.00	0.00	0.00
Total nutrients applied	273.24	43.05	216.17	1,614.16
Anticipated crop nutrient removal	240.00	45.00	198.00	0.00
Actual crop nutrient removal	208.01	41.60	235.74	817.47
Nutrient balance	65.24	1.45	-19.57	796.70
Applied to removed ratio	1.31	1.03	0.92	1.97

Fresh water applied	
32,901,120.00	*gallons*
1,211.64	*acre-inches*
39.09	*inches/acre*

Process wastewater applied	
1,680,000.00	*gallons*
61.87	*acre-inches*
2.00	*inches/acre*

Total harvests for the crop	
1	*harvests*

Annual Report - General Order No. R5-2007-0035
Reporting period 01/01/2023 to 12/31/2023.

Field 3 - 11/05/2022: Wheat Hay

Field name: Field 3 Crop: Wheat Hay Plant date: 11/05/2022

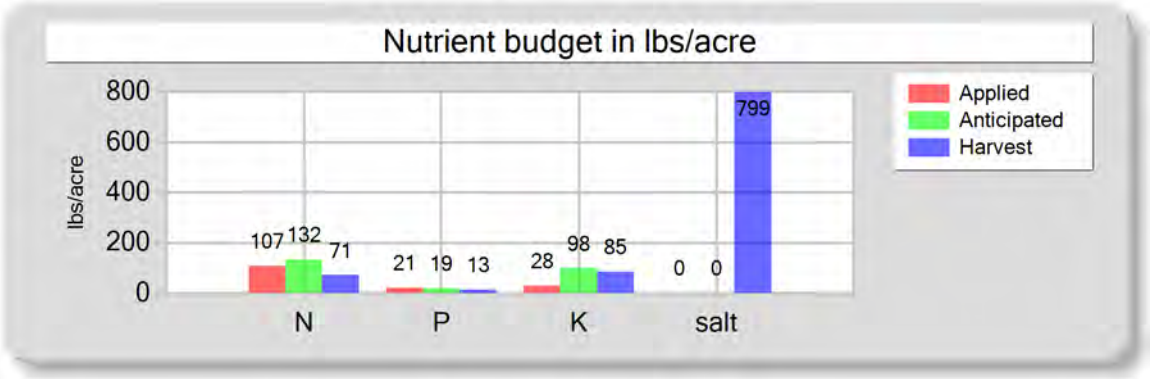

	Total N (lbs/acre)	Total P (lbs/acre)	Total K (lbs/acre)	Total salt (lbs/acre)
Existing soil nutrient content	0.00	0.00	0.00	0.00
Plowdown credit	0.00	0.00	0.00	0.00
Commercial fertilizer / Other	0.00	0.00	0.00	0.00
Dry manure	100.05	20.56	28.47	0.00
Process wastewater	0.00	0.00	0.00	0.00
Fresh water	0.00	0.00	0.00	0.00
Atmospheric deposition	7.00	0.00	0.00	0.00
Total nutrients applied	107.05	20.56	28.47	0.00
Anticipated crop nutrient removal	132.00	19.20	98.40	0.00
Actual crop nutrient removal	70.56	13.44	84.84	799.39
Nutrient balance	36.49	7.12	-56.37	-799.39
Applied to removed ratio	1.52	1.53	0.34	0.00

Fresh water applied
0.00 *gallons*
0.00 *acre-inches*
0.00 *inches/acre*

Process wastewater applied
0.00 *gallons*
0.00 *acre-inches*
0.00 *inches/acre*

Total harvests for the crop
1 *harvests*

Annual Report - General Order No. R5-2007-0035
Reporting period 01/01/2023 to 12/31/2023.

Field 3 - 07/05/2023: Corn, silage

Field name: Field 3 Crop: Corn, silage Plant date: 07/05/2023

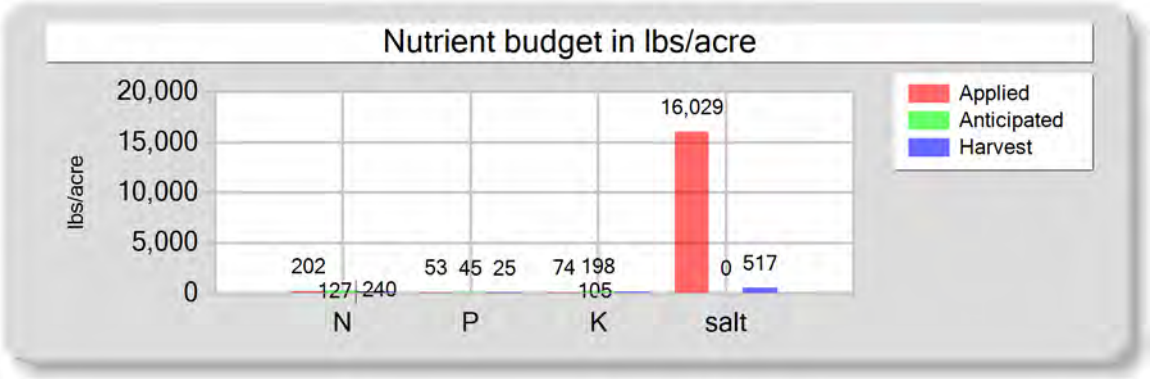

	Total N (lbs/acre)	Total P (lbs/acre)	Total K (lbs/acre)	Total salt (lbs/acre)
Existing soil nutrient content	0.00	0.00	0.00	0.00
Plowdown credit	0.00	0.00	0.00	0.00
Commercial fertilizer / Other	35.20	0.00	0.00	0.00
Dry manure	150.84	52.80	73.54	15,386.11
Process wastewater	0.00	0.00	0.00	0.00
Fresh water	8.68	0.00	0.00	642.49
Atmospheric deposition	7.00	0.00	0.00	0.00
Total nutrients applied	201.73	52.80	73.54	16,028.60
Anticipated crop nutrient removal	240.00	45.00	198.00	0.00
Actual crop nutrient removal	127.26	24.90	105.13	517.44
Nutrient balance	74.47	27.90	-31.59	15,511.16
Applied to removed ratio	1.59	2.12	0.70	30.98

Fresh water applied	
35,374,080.00	*gallons*
1,302.71	*acre-inches*
38.31	*inches/acre*

Process wastewater applied	
0.00	*gallons*
0.00	*acre-inches*
0.00	*inches/acre*

Total harvests for the crop	
1	*harvests*

Annual Report - General Order No. R5-2007-0035
Reporting period 01/01/2023 to 12/31/2023.

Field 30 - 11/03/2022: Wheat, silage, soft dough

Field name: Field 30 Crop: Wheat, silage, soft dough Plant date: 11/03/2022

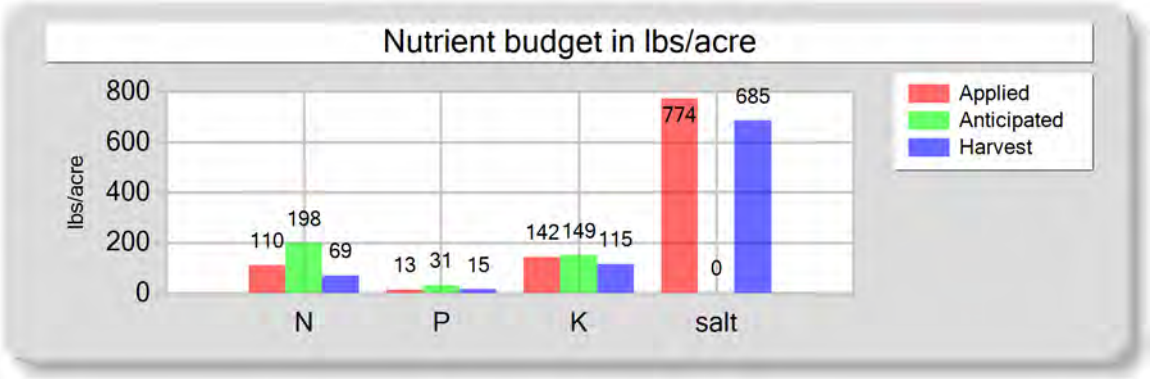

	Total N (lbs/acre)	Total P (lbs/acre)	Total K (lbs/acre)	Total salt (lbs/acre)
Existing soil nutrient content	0.00	0.00	0.00	0.00
Plowdown credit	0.00	0.00	0.00	0.00
Commercial fertilizer / Other	0.00	0.00	0.00	0.00
Dry manure	0.00	0.00	0.00	0.00
Process wastewater	102.53	13.46	142.38	773.81
Fresh water	0.00	0.00	0.00	0.00
Atmospheric deposition	7.00	0.00	0.00	0.00
Total nutrients applied	109.53	13.46	142.38	773.81
Anticipated crop nutrient removal	198.00	30.60	149.40	0.00
Actual crop nutrient removal	69.12	14.66	115.20	684.92
Nutrient balance	40.41	-1.20	27.18	88.89
Applied to removed ratio	1.58	0.92	1.24	1.13

Fresh water applied
0.00 *gallons*
0.00 *acre-inches*
0.00 *inches/acre*

Process wastewater applied
255,000.00 *gallons*
9.39 *acre-inches*
0.85 *inches/acre*

Total harvests for the crop
1 *harvests*

Annual Report - General Order No. R5-2007-0035
Reporting period 01/01/2023 to 12/31/2023.

Field 30 - 06/29/2023: Corn, silage

Field name: Field 30 Crop: Corn, silage Plant date: 06/29/2023

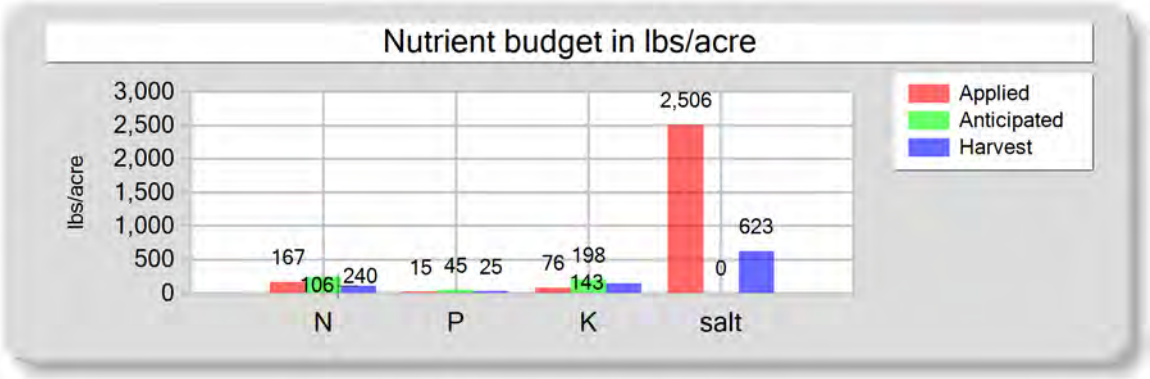

	Total N (lbs/acre)	Total P (lbs/acre)	Total K (lbs/acre)	Total salt (lbs/acre)
Existing soil nutrient content	0.00	0.00	0.00	0.00
Plowdown credit	0.00	0.00	0.00	0.00
Commercial fertilizer / Other	35.20	0.00	0.00	0.00
Dry manure	0.00	0.00	0.00	0.00
Process wastewater	78.27	15.17	76.15	337.74
Fresh water	46.04	0.00	0.00	2,168.24
Atmospheric deposition	7.00	0.00	0.00	0.00
Total nutrients applied	166.51	15.17	76.15	2,505.98
Anticipated crop nutrient removal	240.00	45.00	198.00	0.00
Actual crop nutrient removal	105.77	24.89	143.10	623.43
Nutrient balance	60.74	-9.72	-66.95	1,882.56
Applied to removed ratio	1.57	0.61	0.53	4.02

Fresh water applied	
11,578,800.00	*gallons*
426.41	*acre-inches*
38.76	*inches/acre*

Process wastewater applied	
210,000.00	*gallons*
7.73	*acre-inches*
0.70	*inches/acre*

Total harvests for the crop	
1	*harvests*

Annual Report - General Order No. R5-2007-0035
Reporting period 01/01/2023 to 12/31/2023.

Field 31 - 11/03/2022: Wheat, silage, soft dough

Field name: Field 31 Crop: Wheat, silage, soft dough Plant date: 11/03/2022

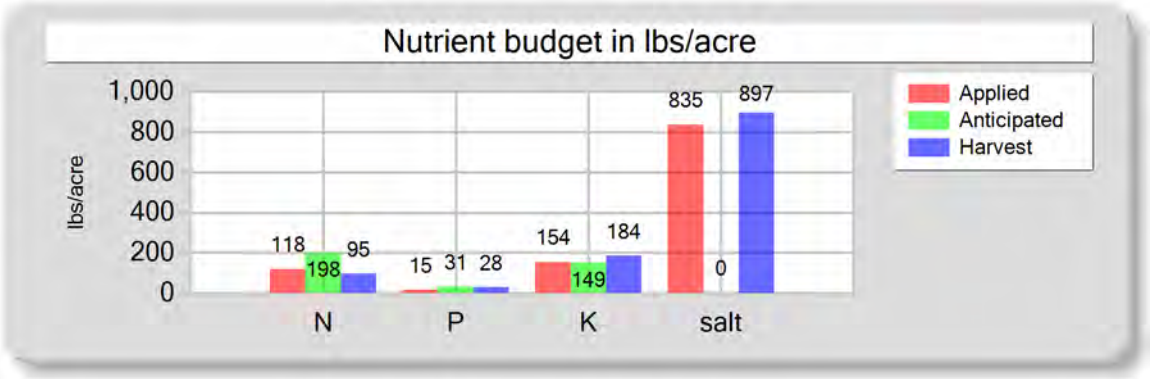

	Total N (lbs/acre)	Total P (lbs/acre)	Total K (lbs/acre)	Total salt (lbs/acre)
Existing soil nutrient content	0.00	0.00	0.00	0.00
Plowdown credit	0.00	0.00	0.00	0.00
Commercial fertilizer / Other	0.00	0.00	0.00	0.00
Dry manure	0.00	0.00	0.00	0.00
Process wastewater	110.57	14.52	153.55	834.50
Fresh water	0.00	0.00	0.00	0.00
Atmospheric deposition	7.00	0.00	0.00	0.00
Total nutrients applied	117.57	14.52	153.55	834.50
Anticipated crop nutrient removal	198.00	30.60	149.40	0.00
Actual crop nutrient removal	94.81	27.53	183.50	896.95
Nutrient balance	22.76	-13.00	-29.95	-62.45
Applied to removed ratio	1.24	0.53	0.84	0.93

Fresh water applied	
0.00	*gallons*
0.00	*acre-inches*
0.00	*inches/acre*

Process wastewater applied	
300,000.00	*gallons*
11.05	*acre-inches*
0.92	*inches/acre*

Total harvests for the crop	
1	*harvests*

Annual Report - General Order No. R5-2007-0035
Reporting period 01/01/2023 to 12/31/2023.

Field 31 - 06/07/2023: Corn, silage

Field name: Field 31 Crop: Corn, silage Plant date: 06/07/2023

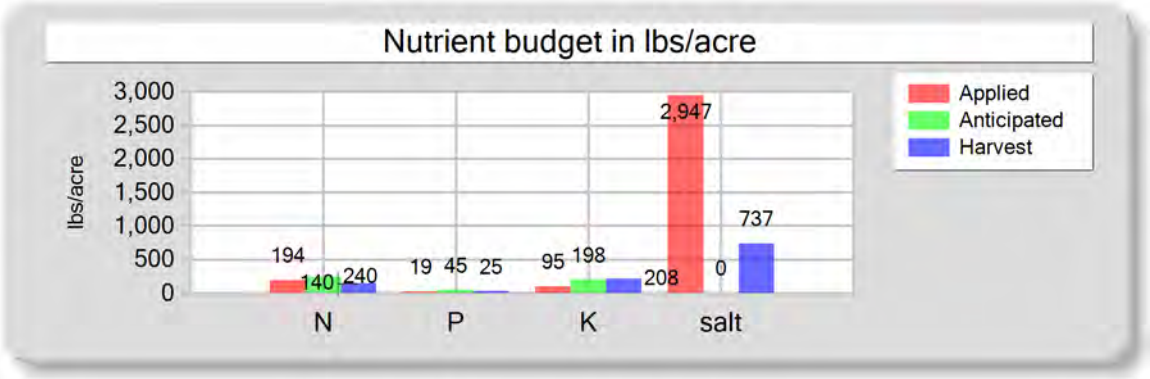

	Total N (lbs/acre)	Total P (lbs/acre)	Total K (lbs/acre)	Total salt (lbs/acre)
Existing soil nutrient content	0.00	0.00	0.00	0.00
Plowdown credit	0.00	0.00	0.00	0.00
Commercial fertilizer / Other	35.20	0.00	0.00	0.00
Dry manure	0.00	0.00	0.00	0.00
Process wastewater	97.37	18.87	94.74	420.17
Fresh water	54.76	0.00	0.00	2,526.78
Atmospheric deposition	7.00	0.00	0.00	0.00
Total nutrients applied	194.33	18.87	94.74	2,946.95
Anticipated crop nutrient removal	240.00	45.00	198.00	0.00
Actual crop nutrient removal	140.14	25.15	208.41	737.35
Nutrient balance	54.19	-6.29	-113.68	2,209.60
Applied to removed ratio	1.39	0.75	0.45	4.00

Fresh water applied	
12,777,480.00	*gallons*
470.55	*acre-inches*
39.21	*inches/acre*

Process wastewater applied	
285,000.00	*gallons*
10.50	*acre-inches*
0.87	*inches/acre*

Total harvests for the crop	
1	*harvests*

Annual Report - General Order No. R5-2007-0035
Reporting period 01/01/2023 to 12/31/2023.

Field 32 - 11/04/2022: Wheat, silage, soft dough

Field name: Field 32 Crop: Wheat, silage, soft dough Plant date: 11/04/2022

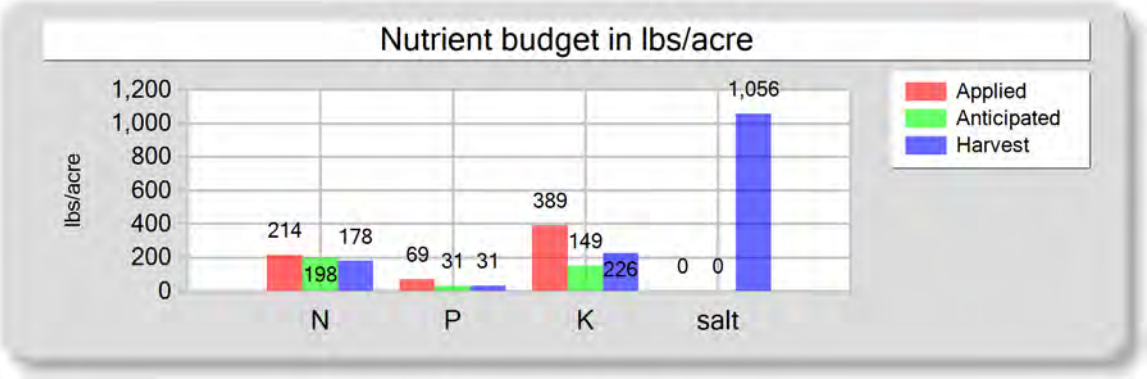

	Total N (lbs/acre)	Total P (lbs/acre)	Total K (lbs/acre)	Total salt (lbs/acre)
Existing soil nutrient content	0.00	0.00	0.00	0.00
Plowdown credit	0.00	0.00	0.00	0.00
Commercial fertilizer / Other	0.00	0.00	0.00	0.00
Dry manure	207.13	69.04	389.26	0.00
Process wastewater	0.00	0.00	0.00	0.00
Fresh water	0.00	0.00	0.00	0.00
Atmospheric deposition	7.00	0.00	0.00	0.00
Total nutrients applied	214.13	69.04	389.26	0.00
Anticipated crop nutrient removal	198.00	30.60	149.40	0.00
Actual crop nutrient removal	178.43	30.88	226.47	1,055.85
Nutrient balance	35.70	38.16	162.79	-1,055.85
Applied to removed ratio	1.20	2.24	1.72	0.00

Fresh water applied
0.00 *gallons*
0.00 *acre-inches*
0.00 *inches/acre*

Process wastewater applied
0.00 *gallons*
0.00 *acre-inches*
0.00 *inches/acre*

Total harvests for the crop
1 *harvests*

Annual Report - General Order No. R5-2007-0035
Reporting period 01/01/2023 to 12/31/2023.

Field 32 - 06/29/2023: Corn, silage

Field name: Field 32 Crop: Corn, silage Plant date: 06/29/2023

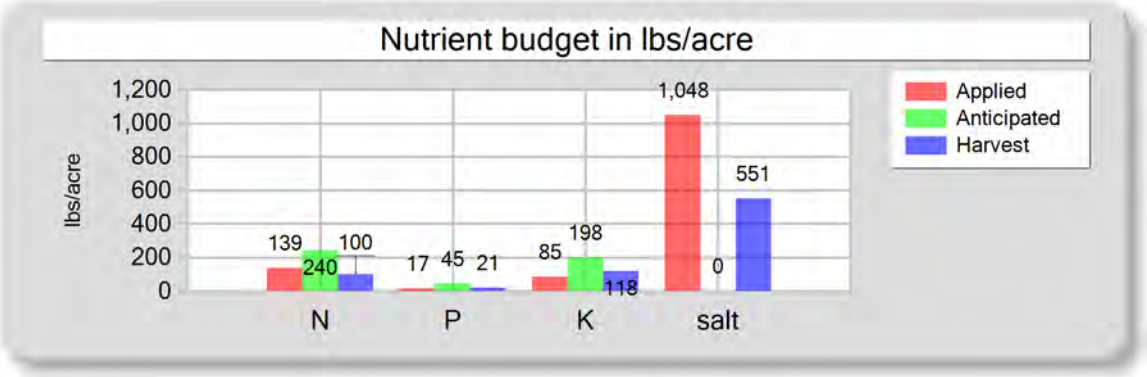

	Total N (lbs/acre)	Total P (lbs/acre)	Total K (lbs/acre)	Total salt (lbs/acre)
Existing soil nutrient content	0.00	0.00	0.00	0.00
Plowdown credit	0.00	0.00	0.00	0.00
Commercial fertilizer / Other	35.20	0.00	0.00	0.00
Dry manure	0.00	0.00	0.00	0.00
Process wastewater	87.85	17.02	85.48	379.10
Fresh water	9.04	0.00	0.00	668.71
Atmospheric deposition	7.00	0.00	0.00	0.00
Total nutrients applied	139.09	17.02	85.48	1,047.81
Anticipated crop nutrient removal	240.00	45.00	198.00	0.00
Actual crop nutrient removal	99.78	21.01	118.16	551.19
Nutrient balance	39.31	-3.98	-32.68	496.62
Applied to removed ratio	1.39	0.81	0.72	1.90

Fresh water applied	
7,580,160.00	*gallons*
279.15	*acre-inches*
39.88	*inches/acre*

Process wastewater applied	
150,000.00	*gallons*
5.52	*acre-inches*
0.79	*inches/acre*

Total harvests for the crop	
1	*harvests*

Annual Report - General Order No. R5-2007-0035
Reporting period 01/01/2023 to 12/31/2023.

Field 33 - 11/03/2022: Wheat, silage, soft dough

Field name: Field 33 Crop: Wheat, silage, soft dough Plant date: 11/03/2022

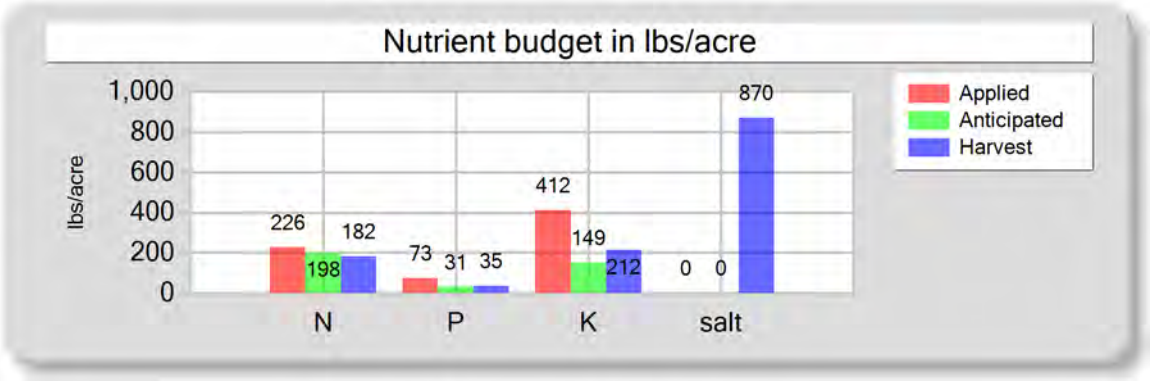

	Total N (lbs/acre)	Total P (lbs/acre)	Total K (lbs/acre)	Total salt (lbs/acre)
Existing soil nutrient content	0.00	0.00	0.00	0.00
Plowdown credit	0.00	0.00	0.00	0.00
Commercial fertilizer / Other	0.00	0.00	0.00	0.00
Dry manure	219.31	73.10	412.16	0.00
Process wastewater	0.00	0.00	0.00	0.00
Fresh water	0.00	0.00	0.00	0.00
Atmospheric deposition	7.00	0.00	0.00	0.00
Total nutrients applied	226.31	73.10	412.16	0.00
Anticipated crop nutrient removal	198.00	30.60	149.40	0.00
Actual crop nutrient removal	181.82	35.35	212.12	870.01
Nutrient balance	44.49	37.75	200.03	-870.01
Applied to removed ratio	1.24	2.07	1.94	0.00

Fresh water applied
0.00 *gallons*
0.00 *acre-inches*
0.00 *inches/acre*

Process wastewater applied
0.00 *gallons*
0.00 *acre-inches*
0.00 *inches/acre*

Total harvests for the crop
1 *harvests*

Annual Report - General Order No. R5-2007-0035
Reporting period 01/01/2023 to 12/31/2023.

Field 33 - 06/01/2023: Corn, silage

Field name: Field 33 Crop: Corn, silage Plant date: 06/01/2023

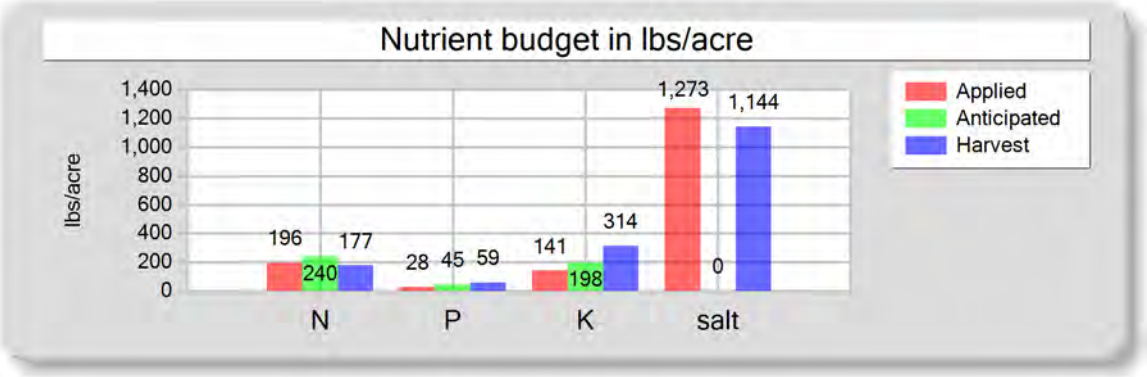

	Total N (lbs/acre)	Total P (lbs/acre)	Total K (lbs/acre)	Total salt (lbs/acre)
Existing soil nutrient content	0.00	0.00	0.00	0.00
Plowdown credit	0.00	0.00	0.00	0.00
Commercial fertilizer / Other	35.20	0.00	0.00	0.00
Dry manure	0.00	0.00	0.00	0.00
Process wastewater	144.70	28.04	140.79	624.40
Fresh water	8.76	0.00	0.00	648.35
Atmospheric deposition	7.00	0.00	0.00	0.00
Total nutrients applied	195.66	28.04	140.79	1,272.75
Anticipated crop nutrient removal	240.00	45.00	198.00	0.00
Actual crop nutrient removal	176.87	58.96	314.43	1,143.99
Nutrient balance	18.80	-30.92	-173.64	128.75
Applied to removed ratio	1.11	0.48	0.45	1.11

Fresh water applied	
17,848,320.00	*gallons*
657.29	*acre-inches*
38.66	*inches/acre*

Process wastewater applied	
600,000.00	*gallons*
22.10	*acre-inches*
1.30	*inches/acre*

Total harvests for the crop	
1	*harvests*

Annual Report - General Order No. R5-2007-0035
Reporting period 01/01/2023 to 12/31/2023.

Field 34 - 11/05/2022: Wheat, silage, soft dough

Field name: Field 34 Crop: Wheat, silage, soft dough Plant date: 11/05/2022

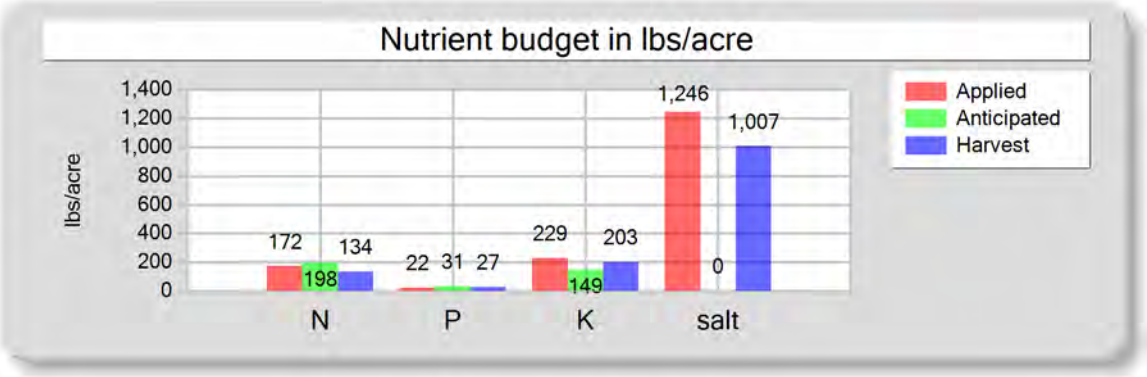

	Total N (lbs/acre)	Total P (lbs/acre)	Total K (lbs/acre)	Total salt (lbs/acre)
Existing soil nutrient content	0.00	0.00	0.00	0.00
Plowdown credit	0.00	0.00	0.00	0.00
Commercial fertilizer / Other	0.00	0.00	0.00	0.00
Dry manure	0.00	0.00	0.00	0.00
Process wastewater	165.05	21.67	229.20	1,245.64
Fresh water	0.00	0.00	0.00	0.00
Atmospheric deposition	7.00	0.00	0.00	0.00
Total nutrients applied	172.05	21.67	229.20	1,245.64
Anticipated crop nutrient removal	198.00	30.60	149.40	0.00
Actual crop nutrient removal	134.25	26.85	202.87	1,007.26
Nutrient balance	37.79	-5.18	26.33	238.38
Applied to removed ratio	1.28	0.81	1.13	1.24

Fresh water applied
0.00 *gallons*
0.00 *acre-inches*
0.00 *inches/acre*

Process wastewater applied
1,530,000.00 *gallons*
56.34 *acre-inches*
1.37 *inches/acre*

Total harvests for the crop
1 *harvests*

Annual Report - General Order No. R5-2007-0035
Reporting period 01/01/2023 to 12/31/2023.

Field 34 - 06/12/2023: Corn, silage

Field name: Field 34 Crop: Corn, silage Plant date: 06/12/2023

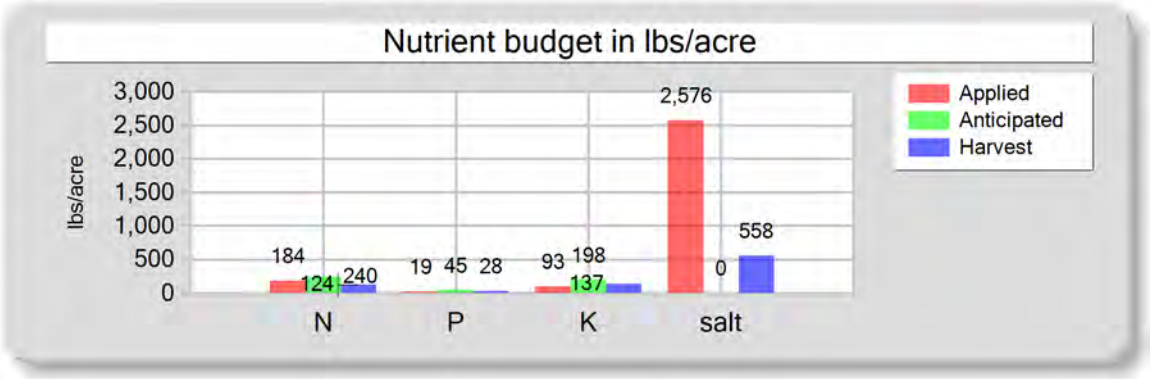

	Total N (lbs/acre)	Total P (lbs/acre)	Total K (lbs/acre)	Total salt (lbs/acre)
Existing soil nutrient content	0.00	0.00	0.00	0.00
Plowdown credit	0.00	0.00	0.00	0.00
Commercial fertilizer / Other	35.20	0.00	0.00	0.00
Dry manure	0.00	0.00	0.00	0.00
Process wastewater	96.00	18.60	93.40	414.24
Fresh water	45.68	0.00	0.00	2,161.59
Atmospheric deposition	7.00	0.00	0.00	0.00
Total nutrients applied	183.88	18.60	93.40	2,575.83
Anticipated crop nutrient removal	240.00	45.00	198.00	0.00
Actual crop nutrient removal	124.37	27.98	136.81	558.11
Nutrient balance	59.51	-9.38	-43.41	2,017.71
Applied to removed ratio	1.48	0.66	0.68	4.62

Fresh water applied	
44,355,120.00	*gallons*
1,633.45	*acre-inches*
39.84	*inches/acre*

Process wastewater applied	
960,000.00	*gallons*
35.35	*acre-inches*
0.86	*inches/acre*

Total harvests for the crop	
1	*harvests*

Annual Report - General Order No. R5-2007-0035
Reporting period 01/01/2023 to 12/31/2023.

Field 35 - 11/05/2022: Wheat, silage, soft dough

Field name: Field 35 Crop: Wheat, silage, soft dough Plant date: 11/05/2022

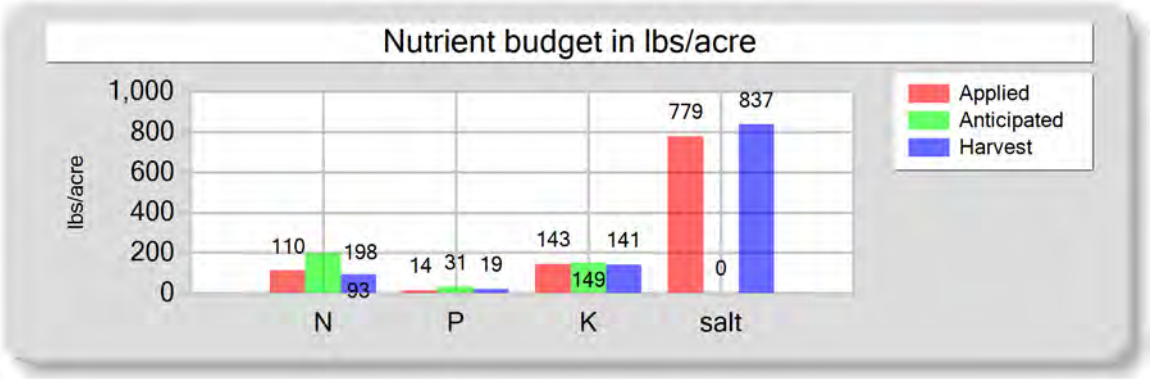

	Total N (lbs/acre)	Total P (lbs/acre)	Total K (lbs/acre)	Total salt (lbs/acre)
Existing soil nutrient content	0.00	0.00	0.00	0.00
Plowdown credit	0.00	0.00	0.00	0.00
Commercial fertilizer / Other	0.00	0.00	0.00	0.00
Dry manure	0.00	0.00	0.00	0.00
Process wastewater	103.20	13.55	143.31	778.87
Fresh water	0.00	0.00	0.00	0.00
Atmospheric deposition	7.00	0.00	0.00	0.00
Total nutrients applied	110.20	13.55	143.31	778.87
Anticipated crop nutrient removal	198.00	30.60	149.40	0.00
Actual crop nutrient removal	93.12	19.10	140.88	837.18
Nutrient balance	17.08	-5.55	2.43	-58.31
Applied to removed ratio	1.18	0.71	1.02	0.93

Fresh water applied	
0.00	*gallons*
0.00	*acre-inches*
0.00	*inches/acre*

Process wastewater applied	
420,000.00	*gallons*
15.47	*acre-inches*
0.86	*inches/acre*

Total harvests for the crop	
1	*harvests*

Annual Report - General Order No. R5-2007-0035
Reporting period 01/01/2023 to 12/31/2023.

Field 35 - 07/12/2023: Corn, silage

Field name: Field 35 Crop: Corn, silage Plant date: 07/12/2023

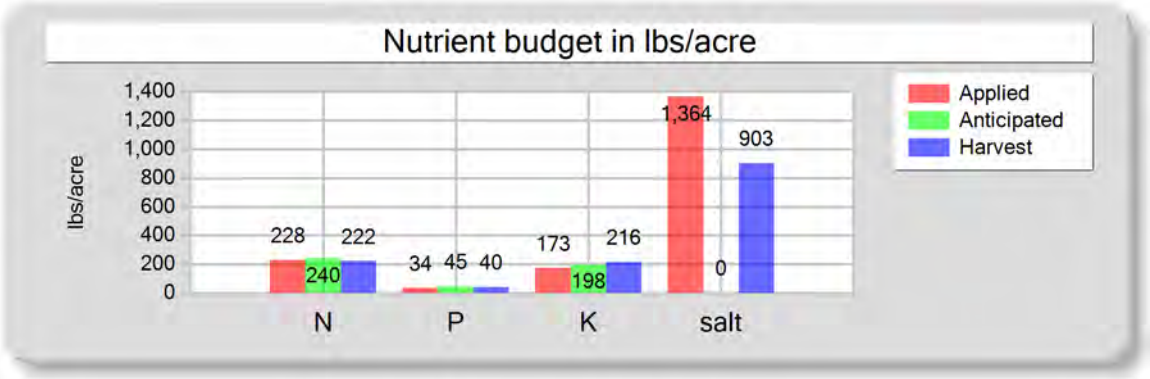

	Total N (lbs/acre)	Total P (lbs/acre)	Total K (lbs/acre)	Total salt (lbs/acre)
Existing soil nutrient content	0.00	0.00	0.00	0.00
Plowdown credit	0.00	0.00	0.00	0.00
Commercial fertilizer / Other	35.20	0.00	0.00	0.00
Dry manure	0.00	0.00	0.00	0.00
Process wastewater	177.66	34.43	172.85	766.63
Fresh water	8.08	0.00	0.00	597.57
Atmospheric deposition	7.00	0.00	0.00	0.00
Total nutrients applied	227.94	34.43	172.85	1,364.20
Anticipated crop nutrient removal	240.00	45.00	198.00	0.00
Actual crop nutrient removal	221.52	40.28	216.48	903.18
Nutrient balance	6.42	-5.85	-43.63	461.02
Applied to removed ratio	1.03	0.85	0.80	1.51

Fresh water applied	
17,418,240.00	*gallons*
641.45	*acre-inches*
35.64	*inches/acre*

Process wastewater applied	
780,000.00	*gallons*
28.72	*acre-inches*
1.60	*inches/acre*

Total harvests for the crop	
1	*harvests*

Annual Report - General Order No. R5-2007-0035
Reporting period 01/01/2023 to 12/31/2023.

Field 36 - 11/05/2022: Wheat, silage, soft dough

Field name: Field 36 Crop: Wheat, silage, soft dough Plant date: 11/05/2022

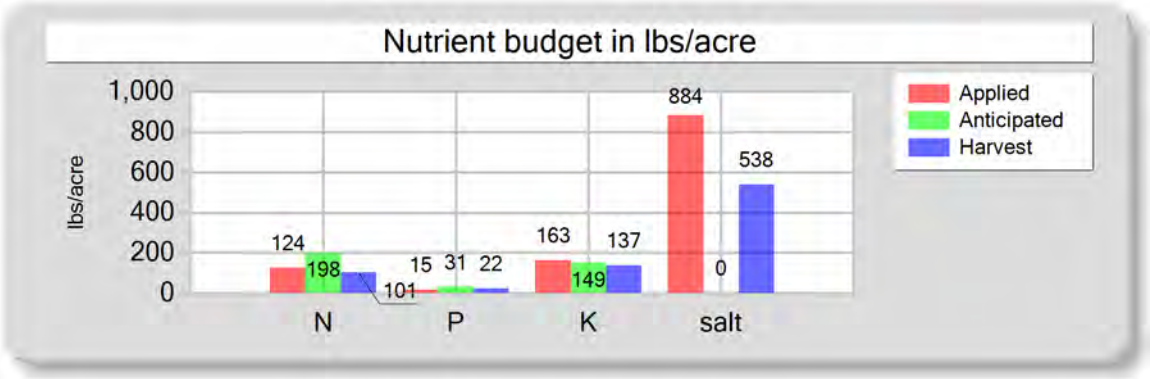

	Total N (lbs/acre)	Total P (lbs/acre)	Total K (lbs/acre)	Total salt (lbs/acre)
Existing soil nutrient content	0.00	0.00	0.00	0.00
Plowdown credit	0.00	0.00	0.00	0.00
Commercial fertilizer / Other	0.00	0.00	0.00	0.00
Dry manure	0.00	0.00	0.00	0.00
Process wastewater	117.08	15.37	162.58	883.59
Fresh water	0.00	0.00	0.00	0.00
Atmospheric deposition	7.00	0.00	0.00	0.00
Total nutrients applied	124.08	15.37	162.58	883.59
Anticipated crop nutrient removal	198.00	30.60	149.40	0.00
Actual crop nutrient removal	101.15	21.92	136.56	538.13
Nutrient balance	22.92	-6.54	26.02	345.45
Applied to removed ratio	1.23	0.70	1.19	1.64

Fresh water applied	
0.00	*gallons*
0.00	*acre-inches*
0.00	*inches/acre*

Process wastewater applied	
450,000.00	*gallons*
16.57	*acre-inches*
0.97	*inches/acre*

Total harvests for the crop	
1	*harvests*

Annual Report - General Order No. R5-2007-0035
Reporting period 01/01/2023 to 12/31/2023.

Field 36 - 07/12/2023: Corn, silage

Field name: Field 36 Crop: Corn, silage Plant date: 07/12/2023

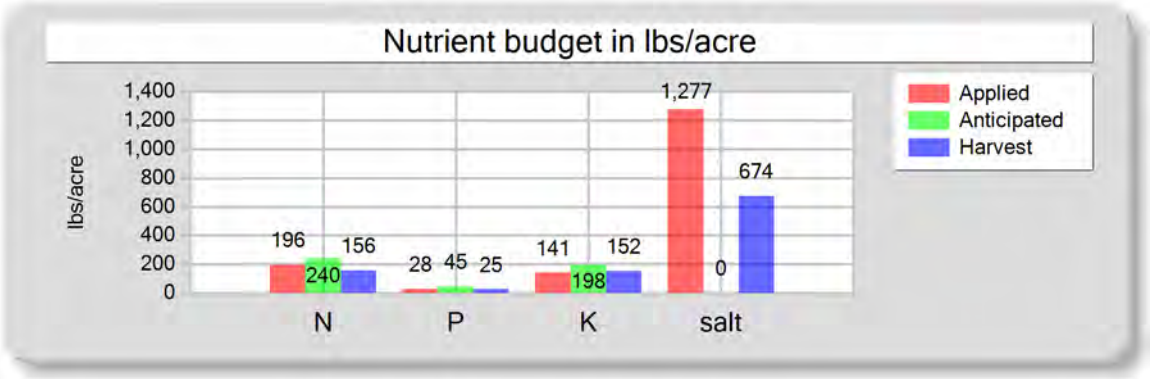

	Total N (lbs/acre)	Total P (lbs/acre)	Total K (lbs/acre)	Total salt (lbs/acre)
Existing soil nutrient content	0.00	0.00	0.00	0.00
Plowdown credit	0.00	0.00	0.00	0.00
Commercial fertilizer / Other	35.20	0.00	0.00	0.00
Dry manure	0.00	0.00	0.00	0.00
Process wastewater	144.70	28.04	140.79	624.40
Fresh water	8.81	0.00	0.00	652.25
Atmospheric deposition	7.00	0.00	0.00	0.00
Total nutrients applied	195.72	28.04	140.79	1,276.65
Anticipated crop nutrient removal	240.00	45.00	198.00	0.00
Actual crop nutrient removal	156.44	25.37	152.22	673.81
Nutrient balance	39.27	2.67	-11.43	602.84
Applied to removed ratio	1.25	1.11	0.92	1.89

Fresh water applied	
17,955,840.00	*gallons*
661.25	*acre-inches*
38.90	*inches/acre*

Process wastewater applied	
600,000.00	*gallons*
22.10	*acre-inches*
1.30	*inches/acre*

Total harvests for the crop	
1	*harvests*

Annual Report - General Order No. R5-2007-0035
Reporting period 01/01/2023 to 12/31/2023.

Field 37 - 11/04/2022: Wheat, silage, soft dough

Field name: Field 37 Crop: Wheat, silage, soft dough Plant date: 11/04/2022

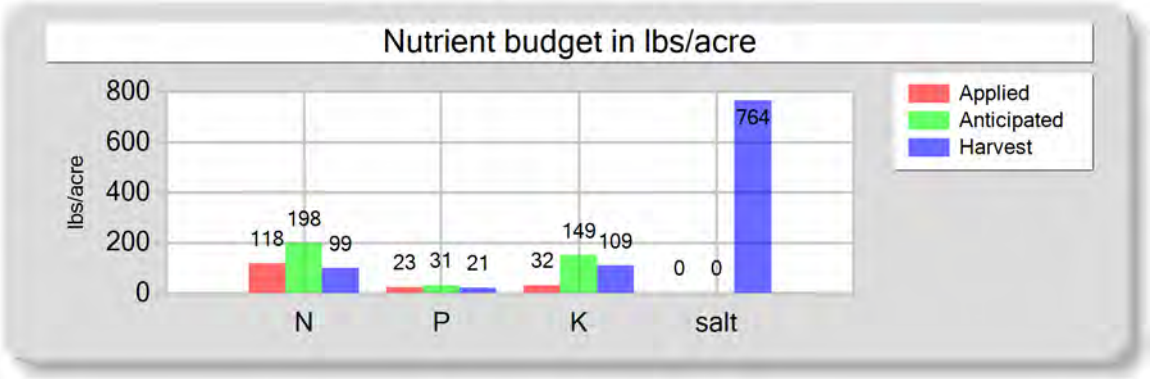

	Total N (lbs/acre)	Total P (lbs/acre)	Total K (lbs/acre)	Total salt (lbs/acre)
Existing soil nutrient content	0.00	0.00	0.00	0.00
Plowdown credit	0.00	0.00	0.00	0.00
Commercial fertilizer / Other	0.00	0.00	0.00	0.00
Dry manure	111.17	22.85	31.64	0.00
Process wastewater	0.00	0.00	0.00	0.00
Fresh water	0.00	0.00	0.00	0.00
Atmospheric deposition	7.00	0.00	0.00	0.00
Total nutrients applied	118.17	22.85	31.64	0.00
Anticipated crop nutrient removal	198.00	30.60	149.40	0.00
Actual crop nutrient removal	98.53	20.74	108.90	764.06
Nutrient balance	19.64	2.11	-77.27	-764.06
Applied to removed ratio	1.20	1.10	0.29	0.00

Fresh water applied
0.00 *gallons*
0.00 *acre-inches*
0.00 *inches/acre*

Process wastewater applied
0.00 *gallons*
0.00 *acre-inches*
0.00 *inches/acre*

Total harvests for the crop
1 *harvests*

Annual Report - General Order No. R5-2007-0035
Reporting period 01/01/2023 to 12/31/2023.

Field 37 - 07/12/2023: Corn, silage

Field name: Field 37 Crop: Corn, silage Plant date: 07/12/2023

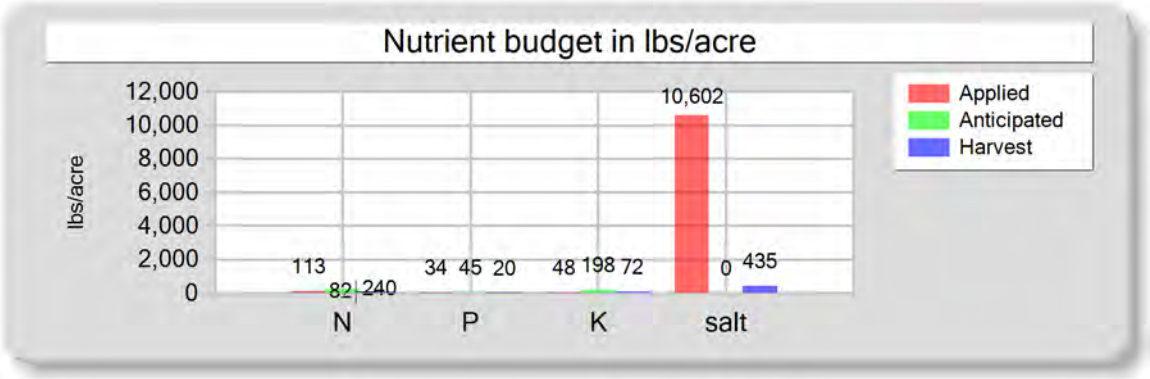

	Total N (lbs/acre)	Total P (lbs/acre)	Total K (lbs/acre)	Total salt (lbs/acre)
Existing soil nutrient content	0.00	0.00	0.00	0.00
Plowdown credit	0.00	0.00	0.00	0.00
Commercial fertilizer / Other	0.00	0.00	0.00	0.00
Dry manure	97.57	34.15	47.57	9,952.13
Process wastewater	0.00	0.00	0.00	0.00
Fresh water	8.79	0.00	0.00	650.30
Atmospheric deposition	7.00	0.00	0.00	0.00
Total nutrients applied	113.36	34.15	47.57	10,602.43
Anticipated crop nutrient removal	240.00	45.00	198.00	0.00
Actual crop nutrient removal	82.00	20.00	72.00	435.00
Nutrient balance	31.36	14.15	-24.43	10,167.43
Applied to removed ratio	1.38	1.71	0.66	24.37

Fresh water applied	
17,902,080.00	*gallons*
659.27	*acre-inches*
38.78	*inches/acre*

Process wastewater applied	
0.00	*gallons*
0.00	*acre-inches*
0.00	*inches/acre*

Total harvests for the crop	
1	*harvests*

Annual Report - General Order No. R5-2007-0035
Reporting period 01/01/2023 to 12/31/2023.

Field 4 - 11/01/2022: Wheat, silage, soft dough

Field name: Field 4 Crop: Wheat, silage, soft dough Plant date: 11/01/2022

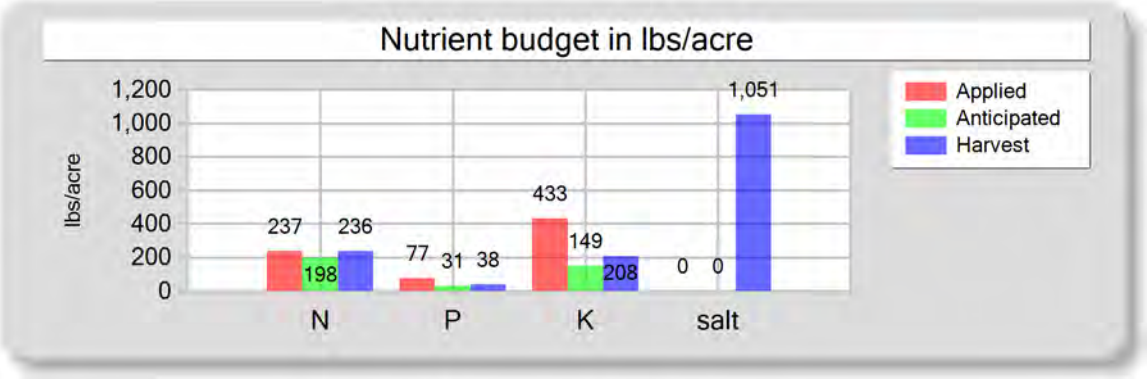

	Total N (lbs/acre)	Total P (lbs/acre)	Total K (lbs/acre)	Total salt (lbs/acre)
Existing soil nutrient content	0.00	0.00	0.00	0.00
Plowdown credit	0.00	0.00	0.00	0.00
Commercial fertilizer / Other	0.00	0.00	0.00	0.00
Dry manure	230.14	76.71	432.51	0.00
Process wastewater	0.00	0.00	0.00	0.00
Fresh water	0.00	0.00	0.00	0.00
Atmospheric deposition	7.00	0.00	0.00	0.00
Total nutrients applied	237.14	76.71	432.51	0.00
Anticipated crop nutrient removal	198.00	30.60	149.40	0.00
Actual crop nutrient removal	236.33	37.81	207.97	1,051.02
Nutrient balance	0.81	38.90	224.54	-1,051.02
Applied to removed ratio	1.00	2.03	2.08	0.00

Fresh water applied
0.00 *gallons*
0.00 *acre-inches*
0.00 *inches/acre*

Process wastewater applied
0.00 *gallons*
0.00 *acre-inches*
0.00 *inches/acre*

Total harvests for the crop
1 *harvests*

Annual Report - General Order No. R5-2007-0035
Reporting period 01/01/2023 to 12/31/2023.

Field 4 - 07/01/2023: Corn, silage

Field name: Field 4 Crop: Corn, silage Plant date: 07/01/2023

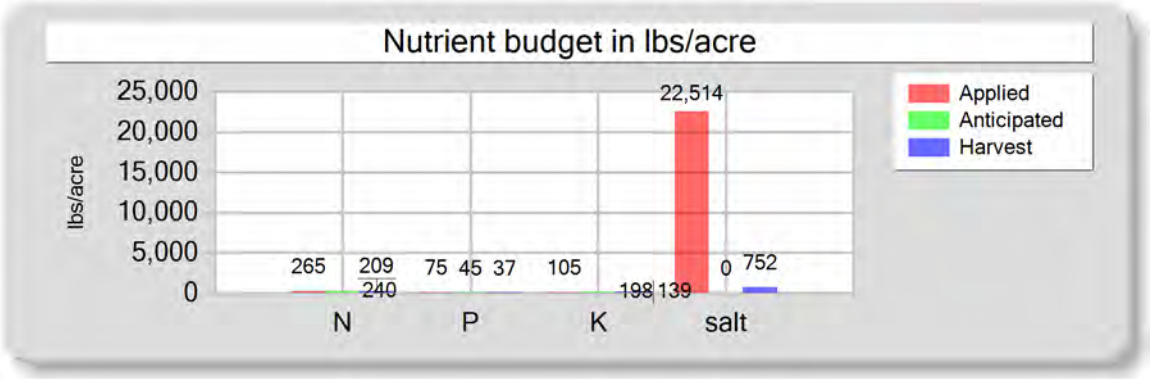

	Total N (lbs/acre)	Total P (lbs/acre)	Total K (lbs/acre)	Total salt (lbs/acre)
Existing soil nutrient content	0.00	0.00	0.00	0.00
Plowdown credit	0.00	0.00	0.00	0.00
Commercial fertilizer / Other	35.20	0.00	0.00	0.00
Dry manure	214.83	75.19	104.73	21,912.32
Process wastewater	0.00	0.00	0.00	0.00
Fresh water	8.13	0.00	0.00	601.26
Atmospheric deposition	7.00	0.00	0.00	0.00
Total nutrients applied	265.15	75.19	104.73	22,513.58
Anticipated crop nutrient removal	240.00	45.00	198.00	0.00
Actual crop nutrient removal	208.70	37.10	139.13	752.43
Nutrient balance	56.45	38.09	-34.41	21,761.15
Applied to removed ratio	1.27	2.03	0.75	29.92

Fresh water applied	
8,762,880.00	*gallons*
322.71	*acre-inches*
35.86	*inches/acre*

Process wastewater applied	
0.00	*gallons*
0.00	*acre-inches*
0.00	*inches/acre*

Total harvests for the crop	
1	*harvests*

Annual Report - General Order No. R5-2007-0035
Reporting period 01/01/2023 to 12/31/2023.

Field 5 - 11/01/2022: Wheat, silage, boot stage

Field name: Field 5 Crop: Wheat, silage, boot stage Plant date: 11/01/2022

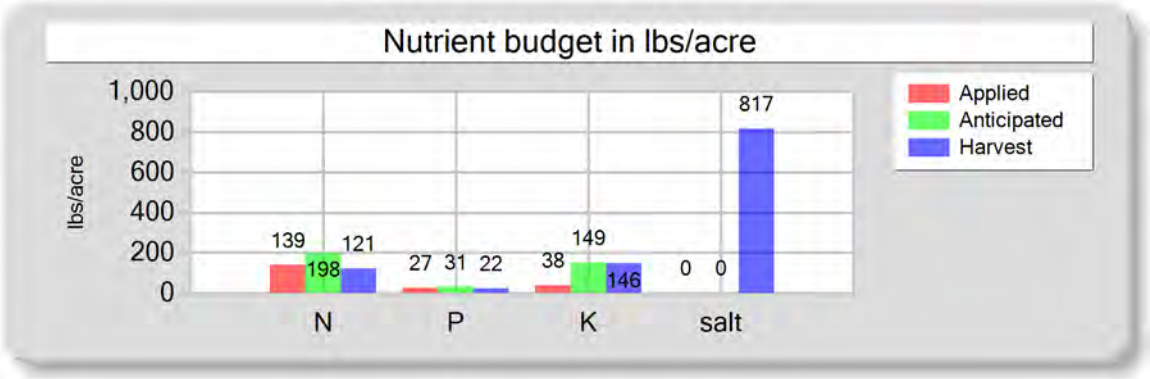

	Total N (lbs/acre)	Total P (lbs/acre)	Total K (lbs/acre)	Total salt (lbs/acre)
Existing soil nutrient content	0.00	0.00	0.00	0.00
Plowdown credit	0.00	0.00	0.00	0.00
Commercial fertilizer / Other	0.00	0.00	0.00	0.00
Dry manure	132.29	27.19	37.65	0.00
Process wastewater	0.00	0.00	0.00	0.00
Fresh water	0.00	0.00	0.00	0.00
Atmospheric deposition	7.00	0.00	0.00	0.00
Total nutrients applied	139.29	27.19	37.65	0.00
Anticipated crop nutrient removal	198.00	30.60	149.40	0.00
Actual crop nutrient removal	120.75	21.95	146.36	816.91
Nutrient balance	18.55	5.24	-108.71	-816.91
Applied to removed ratio	1.15	1.24	0.26	0.00

Fresh water applied
0.00 *gallons*
0.00 *acre-inches*
0.00 *inches/acre*

Process wastewater applied
0.00 *gallons*
0.00 *acre-inches*
0.00 *inches/acre*

Total harvests for the crop
1 *harvests*

Annual Report - General Order No. R5-2007-0035
Reporting period 01/01/2023 to 12/31/2023.

Field 5 - 07/01/2023: Corn, silage

Field name: Field 5 Crop: Corn, silage Plant date: 07/01/2023

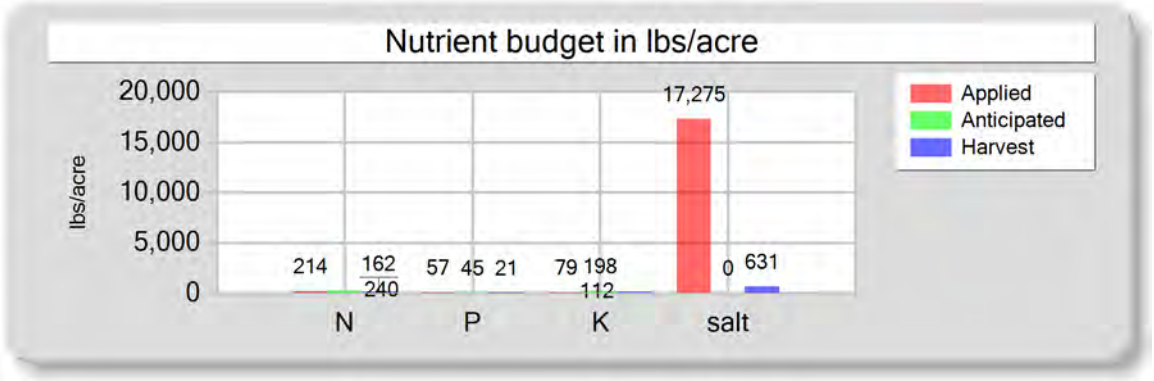

	Total N (lbs/acre)	Total P (lbs/acre)	Total K (lbs/acre)	Total salt (lbs/acre)
Existing soil nutrient content	0.00	0.00	0.00	0.00
Plowdown credit	0.00	0.00	0.00	0.00
Commercial fertilizer / Other	35.20	0.00	0.00	0.00
Dry manure	162.82	56.99	79.37	16,607.23
Process wastewater	0.00	0.00	0.00	0.00
Fresh water	9.02	0.00	0.00	667.29
Atmospheric deposition	7.00	0.00	0.00	0.00
Total nutrients applied	214.03	56.99	79.37	17,274.52
Anticipated crop nutrient removal	240.00	45.00	198.00	0.00
Actual crop nutrient removal	161.54	20.71	111.83	630.74
Nutrient balance	52.50	36.28	-32.46	16,643.78
Applied to removed ratio	1.32	2.75	0.71	27.39

Fresh water applied	
21,611,520.00	*gallons*
795.88	*acre-inches*
39.79	*inches/acre*

Process wastewater applied	
0.00	*gallons*
0.00	*acre-inches*
0.00	*inches/acre*

Total harvests for the crop	
1	*harvests*

Annual Report - General Order No. R5-2007-0035
Reporting period 01/01/2023 to 12/31/2023.

Field 6 - 11/03/2022: Wheat, silage, soft dough

Field name: Field 6 Crop: Wheat, silage, soft dough Plant date: 11/03/2022

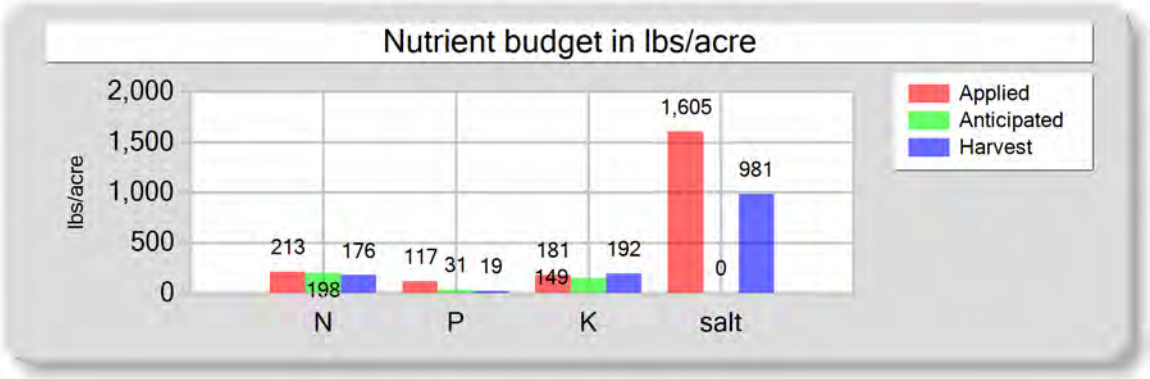

	Total N (lbs/acre)	Total P (lbs/acre)	Total K (lbs/acre)	Total salt (lbs/acre)
Existing soil nutrient content	0.00	0.00	0.00	0.00
Plowdown credit	0.00	0.00	0.00	0.00
Commercial fertilizer / Other	0.00	0.00	0.00	0.00
Dry manure	0.00	0.00	0.00	0.00
Process wastewater	206.41	117.27	181.02	1,604.68
Fresh water	0.00	0.00	0.00	0.00
Atmospheric deposition	7.00	0.00	0.00	0.00
Total nutrients applied	213.41	117.27	181.02	1,604.68
Anticipated crop nutrient removal	198.00	30.60	149.40	0.00
Actual crop nutrient removal	176.49	19.18	191.84	980.68
Nutrient balance	36.92	98.09	-10.81	624.00
Applied to removed ratio	1.21	6.11	0.94	1.64

Fresh water applied	
0.00	*gallons*
0.00	*acre-inches*
0.00	*inches/acre*

Process wastewater applied	
1,890,000.00	*gallons*
69.60	*acre-inches*
1.88	*inches/acre*

Total harvests for the crop	
1	*harvests*

Annual Report - General Order No. R5-2007-0035
Reporting period 01/01/2023 to 12/31/2023.

Field 6 - 07/06/2023: Corn, silage

Field name: Field 6 Crop: Corn, silage Plant date: 07/06/2023

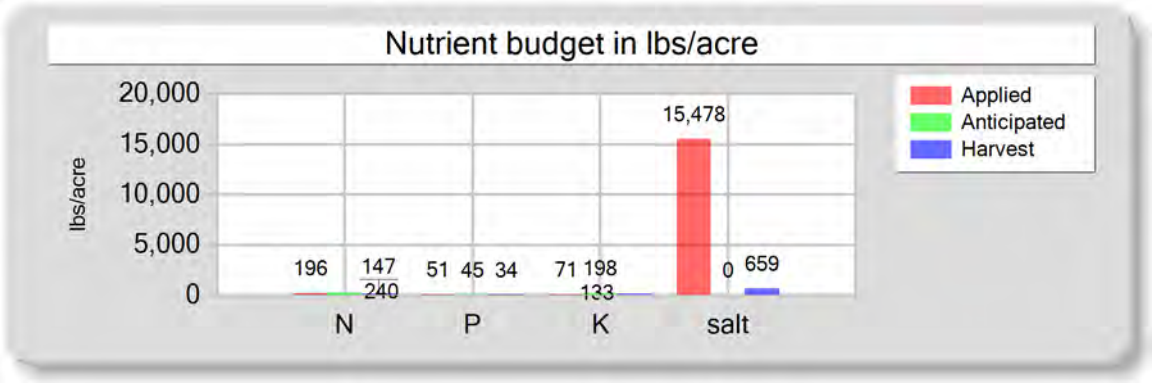

	Total N (lbs/acre)	Total P (lbs/acre)	Total K (lbs/acre)	Total salt (lbs/acre)
Existing soil nutrient content	0.00	0.00	0.00	0.00
Plowdown credit	0.00	0.00	0.00	0.00
Commercial fertilizer / Other	35.20	0.00	0.00	0.00
Dry manure	145.76	51.02	71.06	14,867.96
Process wastewater	0.00	0.00	0.00	0.00
Fresh water	8.25	0.00	0.00	610.13
Atmospheric deposition	7.00	0.00	0.00	0.00
Total nutrients applied	196.21	51.02	71.06	15,478.09
Anticipated crop nutrient removal	240.00	45.00	198.00	0.00
Actual crop nutrient removal	146.72	33.86	132.62	659.41
Nutrient balance	49.49	17.16	-61.56	14,818.68
Applied to removed ratio	1.34	1.51	0.54	23.47

Fresh water applied	
36,556,800.00	*gallons*
1,346.26	*acre-inches*
36.39	*inches/acre*

Process wastewater applied	
0.00	*gallons*
0.00	*acre-inches*
0.00	*inches/acre*

Total harvests for the crop	
1	*harvests*

Annual Report - General Order No. R5-2007-0035
Reporting period 01/01/2023 to 12/31/2023.

Field 7 - 11/01/2022: Wheat, silage, soft dough

Field name: Field 7 Crop: Wheat, silage, soft dough Plant date: 11/01/2022

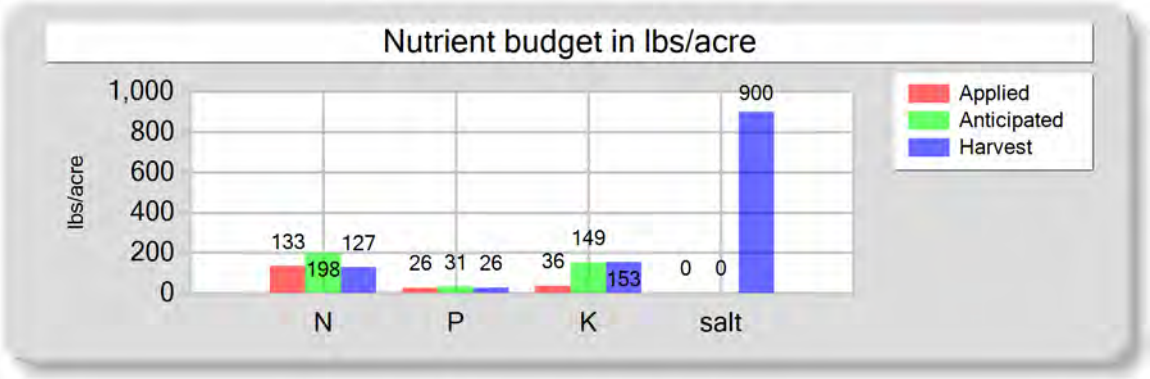

	Total N (lbs/acre)	Total P (lbs/acre)	Total K (lbs/acre)	Total salt (lbs/acre)
Existing soil nutrient content	0.00	0.00	0.00	0.00
Plowdown credit	0.00	0.00	0.00	0.00
Commercial fertilizer / Other	0.00	0.00	0.00	0.00
Dry manure	125.99	25.90	35.86	0.00
Process wastewater	0.00	0.00	0.00	0.00
Fresh water	0.00	0.00	0.00	0.00
Atmospheric deposition	7.00	0.00	0.00	0.00
Total nutrients applied	132.99	25.90	35.86	0.00
Anticipated crop nutrient removal	198.00	30.60	149.40	0.00
Actual crop nutrient removal	126.56	26.49	153.05	899.87
Nutrient balance	6.43	-0.59	-117.20	-899.87
Applied to removed ratio	1.05	0.98	0.23	0.00

Fresh water applied
0.00 *gallons*
0.00 *acre-inches*
0.00 *inches/acre*

Process wastewater applied
0.00 *gallons*
0.00 *acre-inches*
0.00 *inches/acre*

Total harvests for the crop
1 *harvests*

Annual Report - General Order No. R5-2007-0035
Reporting period 01/01/2023 to 12/31/2023.

Field 7 - 06/30/2023: Corn, silage

Field name: Field 7 Crop: Corn, silage Plant date: 06/30/2023

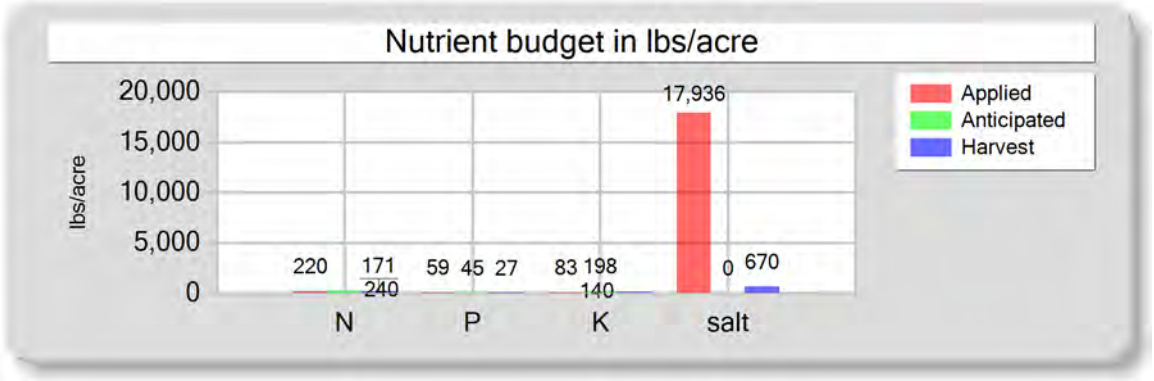

	Total N (lbs/acre)	Total P (lbs/acre)	Total K (lbs/acre)	Total salt (lbs/acre)
Existing soil nutrient content	0.00	0.00	0.00	0.00
Plowdown credit	0.00	0.00	0.00	0.00
Commercial fertilizer / Other	35.20	0.00	0.00	0.00
Dry manure	169.60	59.36	82.68	17,299.20
Process wastewater	0.00	0.00	0.00	0.00
Fresh water	8.60	0.00	0.00	636.30
Atmospheric deposition	7.00	0.00	0.00	0.00
Total nutrients applied	220.40	59.36	82.68	17,935.50
Anticipated crop nutrient removal	240.00	45.00	198.00	0.00
Actual crop nutrient removal	171.45	27.28	140.28	669.72
Nutrient balance	48.95	32.08	-57.60	17,265.78
Applied to removed ratio	1.29	2.18	0.59	26.78

Fresh water applied	
6,182,400.00	*gallons*
227.68	*acre-inches*
37.95	*inches/acre*

Process wastewater applied	
0.00	*gallons*
0.00	*acre-inches*
0.00	*inches/acre*

Total harvests for the crop	
1	*harvests*

Annual Report - General Order No. R5-2007-0035
Reporting period 01/01/2023 to 12/31/2023.

Field 8 - 11/01/2022: Wheat, silage, soft dough

Field name: Field 8 Crop: Wheat, silage, soft dough Plant date: 11/01/2022

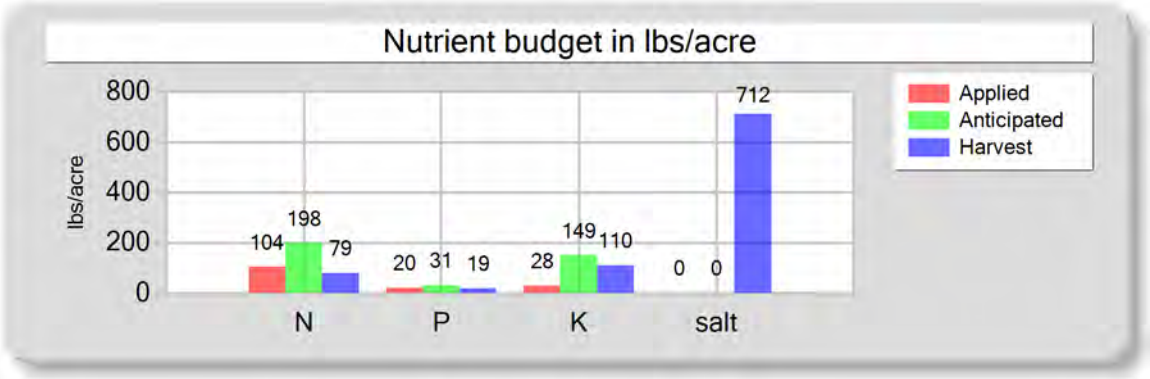

	Total N (lbs/acre)	Total P (lbs/acre)	Total K (lbs/acre)	Total salt (lbs/acre)
Existing soil nutrient content	0.00	0.00	0.00	0.00
Plowdown credit	0.00	0.00	0.00	0.00
Commercial fertilizer / Other	0.00	0.00	0.00	0.00
Dry manure	96.92	19.92	27.58	0.00
Process wastewater	0.00	0.00	0.00	0.00
Fresh water	0.00	0.00	0.00	0.00
Atmospheric deposition	7.00	0.00	0.00	0.00
Total nutrients applied	103.92	19.92	27.58	0.00
Anticipated crop nutrient removal	198.00	30.60	149.40	0.00
Actual crop nutrient removal	78.69	19.08	109.69	712.24
Nutrient balance	25.23	0.84	-82.11	-712.24
Applied to removed ratio	1.32	1.04	0.25	0.00

Fresh water applied
0.00 *gallons*
0.00 *acre-inches*
0.00 *inches/acre*

Process wastewater applied
0.00 *gallons*
0.00 *acre-inches*
0.00 *inches/acre*

Total harvests for the crop
1 *harvests*

Annual Report - General Order No. R5-2007-0035
Reporting period 01/01/2023 to 12/31/2023.

Field 8 - 06/14/2023: Corn, silage

Field name: Field 8 Crop: Corn, silage Plant date: 06/14/2023

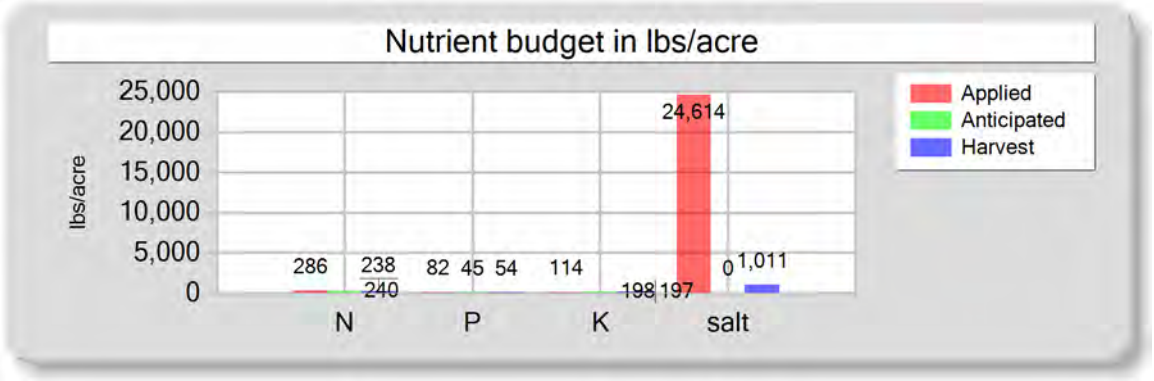

	Total N (lbs/acre)	Total P (lbs/acre)	Total K (lbs/acre)	Total salt (lbs/acre)
Existing soil nutrient content	0.00	0.00	0.00	0.00
Plowdown credit	0.00	0.00	0.00	0.00
Commercial fertilizer / Other	35.20	0.00	0.00	0.00
Dry manure	234.83	82.19	114.48	23,952.74
Process wastewater	0.00	0.00	0.00	0.00
Fresh water	8.94	0.00	0.00	661.41
Atmospheric deposition	7.00	0.00	0.00	0.00
Total nutrients applied	285.97	82.19	114.48	24,614.15
Anticipated crop nutrient removal	240.00	45.00	198.00	0.00
Actual crop nutrient removal	238.27	54.46	197.42	1,010.94
Nutrient balance	47.70	27.73	-82.94	23,603.21
Applied to removed ratio	1.20	1.51	0.58	24.35

Fresh water applied	
13,923,840.00	*gallons*
512.77	*acre-inches*
39.44	*inches/acre*

Process wastewater applied	
0.00	*gallons*
0.00	*acre-inches*
0.00	*inches/acre*

Total harvests for the crop	
1	*harvests*

Annual Report - General Order No. R5-2007-0035
Reporting period 01/01/2023 to 12/31/2023.

Field 9 - 11/02/2022: Wheat, silage, soft dough

Field name: Field 9 Crop: Wheat, silage, soft dough Plant date: 11/02/2022

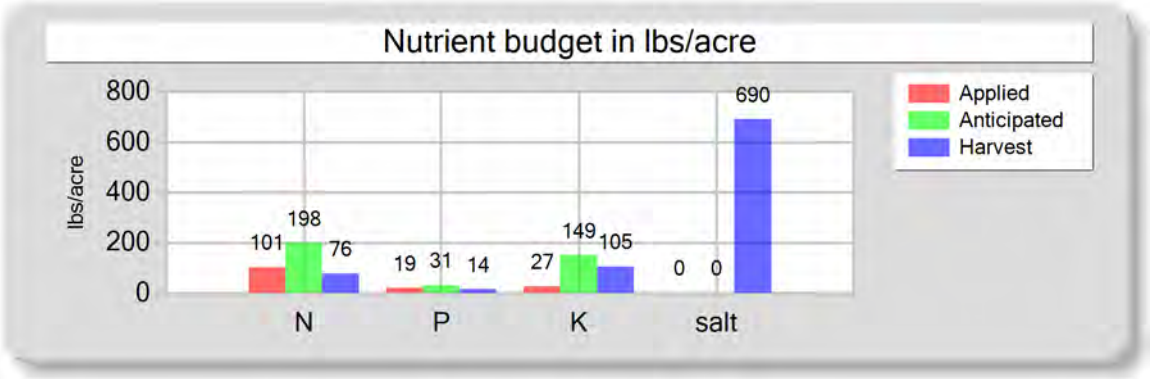

	Total N (lbs/acre)	Total P (lbs/acre)	Total K (lbs/acre)	Total salt (lbs/acre)
Existing soil nutrient content	0.00	0.00	0.00	0.00
Plowdown credit	0.00	0.00	0.00	0.00
Commercial fertilizer / Other	0.00	0.00	0.00	0.00
Dry manure	94.50	19.42	26.89	0.00
Process wastewater	0.00	0.00	0.00	0.00
Fresh water	0.00	0.00	0.00	0.00
Atmospheric deposition	7.00	0.00	0.00	0.00
Total nutrients applied	101.50	19.42	26.89	0.00
Anticipated crop nutrient removal	198.00	30.60	149.40	0.00
Actual crop nutrient removal	76.40	14.33	105.05	690.23
Nutrient balance	25.10	5.10	-78.16	-690.23
Applied to removed ratio	1.33	1.36	0.26	0.00

Fresh water applied
0.00 *gallons*
0.00 *acre-inches*
0.00 *inches/acre*

Process wastewater applied
0.00 *gallons*
0.00 *acre-inches*
0.00 *inches/acre*

Total harvests for the crop
1 *harvests*

Annual Report - General Order No. R5-2007-0035
Reporting period 01/01/2023 to 12/31/2023.

Field 9 - 06/29/2023: Corn, silage

Field name: Field 9 Crop: Corn, silage Plant date: 06/29/2023

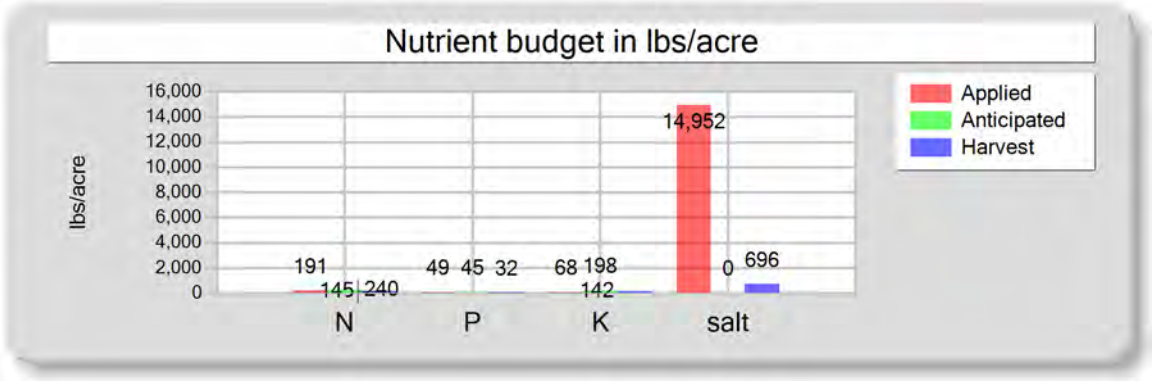

	Total N (lbs/acre)	Total P (lbs/acre)	Total K (lbs/acre)	Total salt (lbs/acre)
Existing soil nutrient content	0.00	0.00	0.00	0.00
Plowdown credit	0.00	0.00	0.00	0.00
Commercial fertilizer / Other	35.20	0.00	0.00	0.00
Dry manure	139.92	48.97	68.21	14,271.84
Process wastewater	0.00	0.00	0.00	0.00
Fresh water	9.20	0.00	0.00	680.57
Atmospheric deposition	7.00	0.00	0.00	0.00
Total nutrients applied	191.32	48.97	68.21	14,952.41
Anticipated crop nutrient removal	240.00	45.00	198.00	0.00
Actual crop nutrient removal	145.14	31.86	141.60	696.07
Nutrient balance	46.18	17.11	-73.39	14,256.34
Applied to removed ratio	1.32	1.54	0.48	21.48

Fresh water applied	
8,816,640.00	*gallons*
324.69	*acre-inches*
40.59	*inches/acre*

Process wastewater applied	
0.00	*gallons*
0.00	*acre-inches*
0.00	*inches/acre*

Total harvests for the crop	
1	*harvests*

Annual Report - General Order No. R5-2007-0035
Reporting period 01/01/2023 to 12/31/2023.

Field Joes/DaRocha - 10/31/2022: Wheat Hay

Field name: Field Joes/DaRocha Crop: Wheat Hay Plant date: 10/31/2022

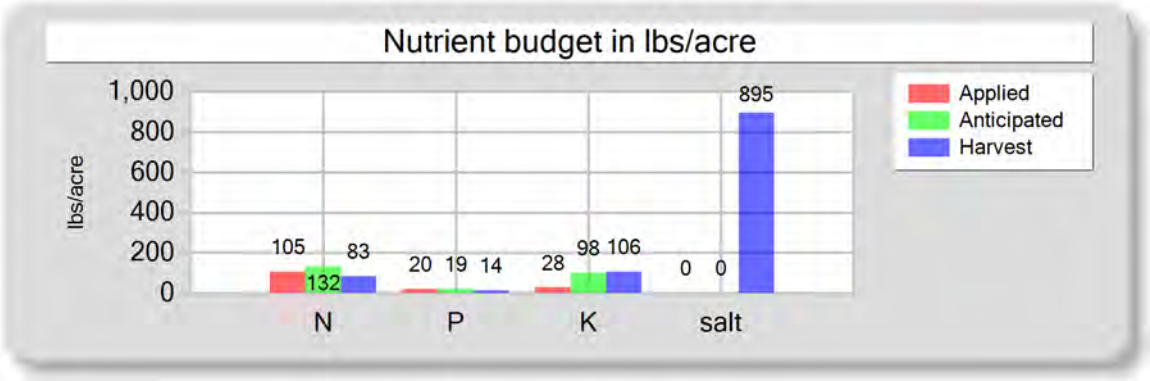

	Total N (lbs/acre)	Total P (lbs/acre)	Total K (lbs/acre)	Total salt (lbs/acre)
Existing soil nutrient content	0.00	0.00	0.00	0.00
Plowdown credit	0.00	0.00	0.00	0.00
Commercial fertilizer / Other	0.00	0.00	0.00	0.00
Dry manure	98.00	20.14	27.89	0.00
Process wastewater	0.00	0.00	0.00	0.00
Fresh water	0.00	0.00	0.00	0.00
Atmospheric deposition	7.00	0.00	0.00	0.00
Total nutrients applied	105.00	20.14	27.89	0.00
Anticipated crop nutrient removal	132.00	19.20	98.40	0.00
Actual crop nutrient removal	83.30	14.45	106.25	895.36
Nutrient balance	21.70	5.69	-78.36	-895.36
Applied to removed ratio	1.26	1.39	0.26	0.00

Fresh water applied
0.00 *gallons*
0.00 *acre-inches*
0.00 *inches/acre*

Process wastewater applied
0.00 *gallons*
0.00 *acre-inches*
0.00 *inches/acre*

Total harvests for the crop
1 *harvests*

Annual Report - General Order No. R5-2007-0035
Reporting period 01/01/2023 to 12/31/2023.

Field Joes/DaRocha - 07/12/2023: Corn, silage

Field name: Field Joes/DaRocha Crop: Corn, silage Plant date: 07/12/2023

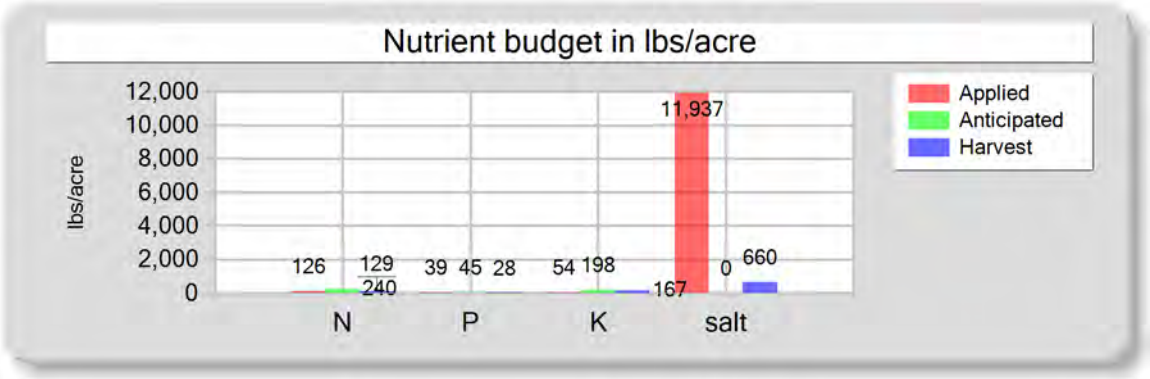

	Total N (lbs/acre)	Total P (lbs/acre)	Total K (lbs/acre)	Total salt (lbs/acre)
Existing soil nutrient content	0.00	0.00	0.00	0.00
Plowdown credit	0.00	0.00	0.00	0.00
Commercial fertilizer / Other	0.00	0.00	0.00	0.00
Dry manure	110.81	38.78	54.02	11,302.14
Process wastewater	0.00	0.00	0.00	0.00
Fresh water	8.57	0.00	0.00	634.46
Atmospheric deposition	7.00	0.00	0.00	0.00
Total nutrients applied	126.38	38.78	54.02	11,936.60
Anticipated crop nutrient removal	240.00	45.00	198.00	0.00
Actual crop nutrient removal	129.20	27.87	167.20	660.44
Nutrient balance	-2.82	10.92	-113.18	11,276.16
Applied to removed ratio	0.98	1.39	0.32	18.07

Fresh water applied	
9,246,720.00	*gallons*
340.53	*acre-inches*
37.84	*inches/acre*

Process wastewater applied	
0.00	*gallons*
0.00	*acre-inches*
0.00	*inches/acre*

Total harvests for the crop	
1	*harvests*

Annual Report - General Order No. R5-2007-0035
Reporting period 01/01/2023 to 12/31/2023.

Field Markarian - 10/31/2022: Wheat Hay

Field name: Field Markarian Crop: Wheat Hay Plant date: 10/31/2022

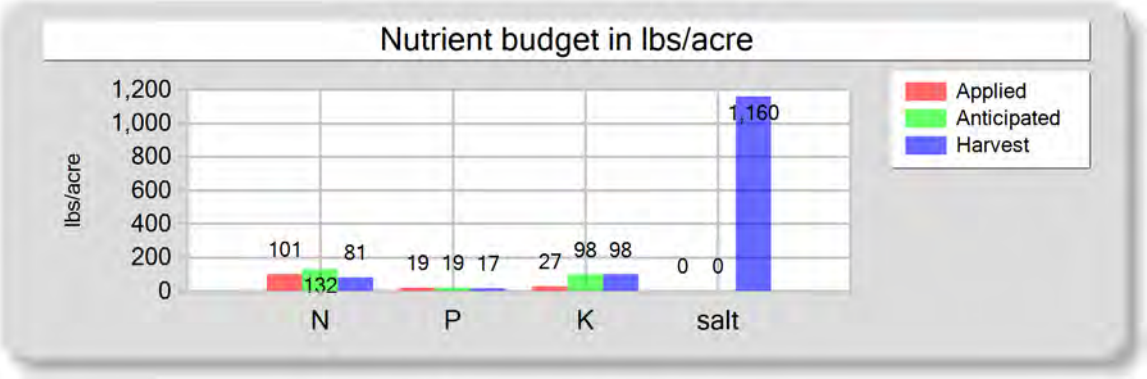

	Total N (lbs/acre)	Total P (lbs/acre)	Total K (lbs/acre)	Total salt (lbs/acre)
Existing soil nutrient content	0.00	0.00	0.00	0.00
Plowdown credit	0.00	0.00	0.00	0.00
Commercial fertilizer / Other	0.00	0.00	0.00	0.00
Dry manure	94.50	19.42	26.89	0.00
Process wastewater	0.00	0.00	0.00	0.00
Fresh water	0.00	0.00	0.00	0.00
Atmospheric deposition	7.00	0.00	0.00	0.00
Total nutrients applied	101.50	19.42	26.89	0.00
Anticipated crop nutrient removal	132.00	19.20	98.40	0.00
Actual crop nutrient removal	80.85	16.50	98.18	1,159.54
Nutrient balance	20.65	2.92	-71.28	-1,159.54
Applied to removed ratio	1.26	1.18	0.27	0.00

Fresh water applied
0.00 *gallons*
0.00 *acre-inches*
0.00 *inches/acre*

Process wastewater applied
0.00 *gallons*
0.00 *acre-inches*
0.00 *inches/acre*

Total harvests for the crop
1 *harvests*

Annual Report - General Order No. R5-2007-0035
Reporting period 01/01/2023 to 12/31/2023.

Field Markarian - 07/12/2023: Corn, silage

Field name: Field Markarian Crop: Corn, silage Plant date: 07/12/2023

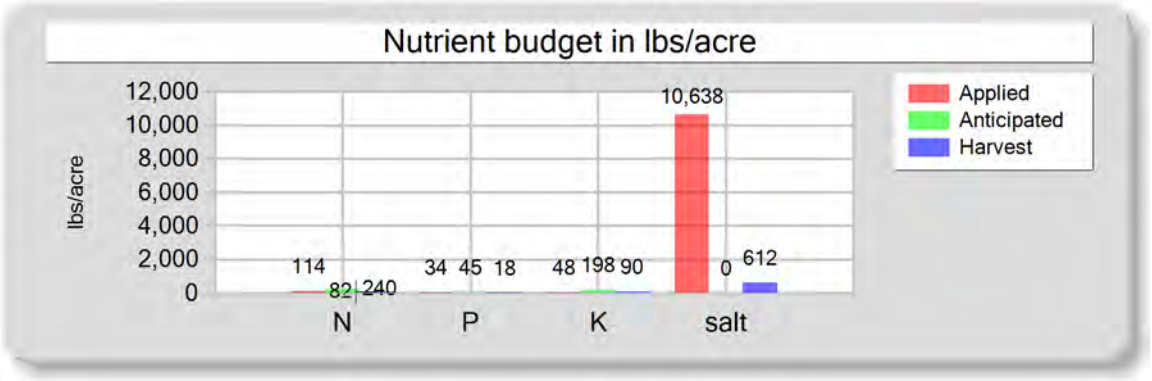

	Total N (lbs/acre)	Total P (lbs/acre)	Total K (lbs/acre)	Total salt (lbs/acre)
Existing soil nutrient content	0.00	0.00	0.00	0.00
Plowdown credit	0.00	0.00	0.00	0.00
Commercial fertilizer / Other	0.00	0.00	0.00	0.00
Dry manure	97.94	34.28	47.75	9,990.29
Process wastewater	0.00	0.00	0.00	0.00
Fresh water	8.75	0.00	0.00	647.37
Atmospheric deposition	7.00	0.00	0.00	0.00
Total nutrients applied	113.69	34.28	47.75	10,637.66
Anticipated crop nutrient removal	240.00	45.00	198.00	0.00
Actual crop nutrient removal	82.40	18.03	90.13	612.34
Nutrient balance	31.29	16.26	-42.38	10,025.32
Applied to removed ratio	1.38	1.90	0.53	17.37

Fresh water applied	
8,386,560.00	*gallons*
308.85	*acre-inches*
38.61	*inches/acre*

Process wastewater applied	
0.00	*gallons*
0.00	*acre-inches*
0.00	*inches/acre*

Total harvests for the crop	
1	*harvests*

Annual Report - General Order No. R5-2007-0035
Reporting period 01/01/2023 to 12/31/2023.

NUTRIENT ANALYSES

A. MANURE ANALYSES

SVW GV Corral N

Sample and source description: SVW GV Corral N
Sample date: 08/31/2022 Material type: Corral solids Source of analysis: Lab analysis Method of reporting: Dry-weight
Moisture: 10.4 %

	Total N (mg/kg)	Total P (mg/kg)	Total K (mg/kg)	Calcium (mg/kg)	Magnesium (mg/kg)	Sodium (mg/kg)	Sulfur (mg/kg)	Chloride (mg/kg)	Total salt (mg/kg)	TFS (%)
Value	19,300.00	5,800.00	24,900.00							0.00
DL	100.00	100.00	100.00							0.01

SVW GV Corral S

Sample and source description: SVW GV Corral S
Sample date: 08/31/2022 Material type: Corral solids Source of analysis: Lab analysis Method of reporting: Dry-weight
Moisture: 25.6 %

	Total N (mg/kg)	Total P (mg/kg)	Total K (mg/kg)	Calcium (mg/kg)	Magnesium (mg/kg)	Sodium (mg/kg)	Sulfur (mg/kg)	Chloride (mg/kg)	Total salt (mg/kg)	TFS (%)
Value	17,400.00	5,800.00	32,700.00							0.00
DL	100.00	100.00	100.00							0.01

SVW GV Lagoon Solids

Sample and source description: SVW GV Lagoon Solids
Sample date: 08/31/2022 Material type: Separator solids Source of analysis: Lab analysis Method of reporting: Dry-weight
Moisture: 75.1 %

	Total N (mg/kg)	Total P (mg/kg)	Total K (mg/kg)	Calcium (mg/kg)	Magnesium (mg/kg)	Sodium (mg/kg)	Sulfur (mg/kg)	Chloride (mg/kg)	Total salt (mg/kg)	TFS (%)
Value	25,300.00	5,200.00	7,200.00							0.00
DL	100.00	100.00	100.00							0.01

Annual Report - General Order No. R5-2007-0035
Reporting period 01/01/2023 to 12/31/2023.

Corral 1

Sample and source description: Corral 1
Sample date: 04/27/2023 Material type: Corral solids Source of analysis: Lab analysis Method of reporting: Dry-weight
Moisture: 42.1 %

	Total N (mg/kg)	Total P (mg/kg)	Total K (mg/kg)	Calcium (mg/kg)	Magnesium (mg/kg)	Sodium (mg/kg)	Sulfur (mg/kg)	Chloride (mg/kg)	Total salt (mg/kg)	TFS (%)
Value	10,100.00	3,500.00	20,500.00							70.70
DL	100.00	100.00	100.00							0.01

Corral 1

Sample and source description: Corral 1
Sample date: 04/27/2023 Material type: Corral solids Source of analysis: Lab analysis Method of reporting: Dry-weight
Moisture: 42.1 %

	Total N (mg/kg)	Total P (mg/kg)	Total K (mg/kg)	Calcium (mg/kg)	Magnesium (mg/kg)	Sodium (mg/kg)	Sulfur (mg/kg)	Chloride (mg/kg)	Total salt (mg/kg)	TFS (%)
Value	10,100.00	3,500.00	20,500.00							70.70
DL	100.00	100.00	100.00							0.01

Corral 2

Sample and source description: Corral 2
Sample date: 04/27/2023 Material type: Corral solids Source of analysis: Lab analysis Method of reporting: Dry-weight
Moisture: 78.2 %

	Total N (mg/kg)	Total P (mg/kg)	Total K (mg/kg)	Calcium (mg/kg)	Magnesium (mg/kg)	Sodium (mg/kg)	Sulfur (mg/kg)	Chloride (mg/kg)	Total salt (mg/kg)	TFS (%)
Value	17,400.00	5,300.00	20,000.00							27.60
DL	100.00	100.00	100.00							0.01

Annual Report - General Order No. R5-2007-0035
Reporting period 01/01/2023 to 12/31/2023.

Corral 2

Sample and source description: Corral 2
Sample date: 04/27/2023 Material type: Corral solids Source of analysis: Lab analysis Method of reporting: Dry-weight
Moisture: 78.2 %

	Total N (mg/kg)	Total P (mg/kg)	Total K (mg/kg)	Calcium (mg/kg)	Magnesium (mg/kg)	Sodium (mg/kg)	Sulfur (mg/kg)	Chloride (mg/kg)	Total salt (mg/kg)	TFS (%)
Value	17,400.00	5,300.00	20,000.00							27.60
DL	100.00	100.00	100.00							0.01

Lag Solids 1

Sample and source description: Lag Solids 1
Sample date: 04/27/2023 Material type: Separator solids Source of analysis: Lab analysis Method of reporting: Dry-weight
Moisture: 60.5 %

	Total N (mg/kg)	Total P (mg/kg)	Total K (mg/kg)	Calcium (mg/kg)	Magnesium (mg/kg)	Sodium (mg/kg)	Sulfur (mg/kg)	Chloride (mg/kg)	Total salt (mg/kg)	TFS (%)
Value	24,000.00	8,100.00	6,600.00							48.70
DL	100.00	100.00	100.00							0.01

Lag Solids 2

Sample and source description: Lag Solids 2
Sample date: 04/27/2023 Material type: Separator solids Source of analysis: Lab analysis Method of reporting: Dry-weight
Moisture: 36.4 %

	Total N (mg/kg)	Total P (mg/kg)	Total K (mg/kg)	Calcium (mg/kg)	Magnesium (mg/kg)	Sodium (mg/kg)	Sulfur (mg/kg)	Chloride (mg/kg)	Total salt (mg/kg)	TFS (%)
Value	8,000.00	2,800.00	3,900.00							81.60
DL	100.00	100.00	100.00							0.01

Annual Report - General Order No. R5-2007-0035
Reporting period 01/01/2023 to 12/31/2023.

Lagoon Solids 1

Sample and source description: Lagoon Solids 1
Sample date: 04/27/2023 Material type: Separator solids Source of analysis: Lab analysis Method of reporting: Dry-weight
Moisture: 60.4 %

	Total N (mg/kg)	Total P (mg/kg)	Total K (mg/kg)	Calcium (mg/kg)	Magnesium (mg/kg)	Sodium (mg/kg)	Sulfur (mg/kg)	Chloride (mg/kg)	Total salt (mg/kg)	TFS (%)
Value	24,000.00	8,100.00	6,600.00							48.70
DL	100.00	100.00	100.00							0.01

Lagoon Solids 2

Sample and source description: Lagoon Solids 2
Sample date: 04/27/2023 Material type: Separator solids Source of analysis: Lab analysis Method of reporting: Dry-weight
Moisture: 36.4 %

	Total N (mg/kg)	Total P (mg/kg)	Total K (mg/kg)	Calcium (mg/kg)	Magnesium (mg/kg)	Sodium (mg/kg)	Sulfur (mg/kg)	Chloride (mg/kg)	Total salt (mg/kg)	TFS (%)
Value	8,000.00	2,800.00	3,900.00							81.60
DL	100.00	100.00	100.00							0.01

Corral N

Sample and source description: Corral N
Sample date: 09/07/2023 Material type: Corral solids Source of analysis: Lab analysis Method of reporting: Dry-weight
Moisture: 17.6 %

	Total N (mg/kg)	Total P (mg/kg)	Total K (mg/kg)	Calcium (mg/kg)	Magnesium (mg/kg)	Sodium (mg/kg)	Sulfur (mg/kg)	Chloride (mg/kg)	Total salt (mg/kg)	TFS (%)
Value	21,600.00	8,200.00	30,500.00	20,400.00	7,700.00	2,300.00	4,400.00	0.00		33.80
DL	100.00	100.00	100.00	100.00	100.00	100.00	100.00	50.00		0.01

Annual Report - General Order No. R5-2007-0035
Reporting period 01/01/2023 to 12/31/2023.

Corral S

Sample and source description: Corral S

Sample date: 09/07/2023 Material type: Corral solids Source of analysis: Lab analysis Method of reporting: Dry-weight

Moisture: 51.2 %

	Total N (mg/kg)	Total P (mg/kg)	Total K (mg/kg)	Calcium (mg/kg)	Magnesium (mg/kg)	Sodium (mg/kg)	Sulfur (mg/kg)	Chloride (mg/kg)	Total salt (mg/kg)	TFS (%)
Value	24,000.00	7,700.00	29,800.00	31,600.00	9,700.00	3,000.00	7,300.00	0.00		39.20
DL	100.00	100.00	100.00	100.00	100.00	100.00	100.00	50.00		0.01

Lagoon Solids

Sample and source description: Lagoon Solids

Sample date: 09/07/2023 Material type: Separator solids Source of analysis: Lab analysis Method of reporting: Dry-weight

Moisture: 15.6 %

	Total N (mg/kg)	Total P (mg/kg)	Total K (mg/kg)	Calcium (mg/kg)	Magnesium (mg/kg)	Sodium (mg/kg)	Sulfur (mg/kg)	Chloride (mg/kg)	Total salt (mg/kg)	TFS (%)
Value	9,100.00	5,100.00	3,900.00	31,400.00	4,100.00	500.00	2,900.00	0.00		76.70
DL	100.00	100.00	100.00	100.00	100.00	100.00	100.00	50.00		0.01

Sand Pit

Sample and source description: Sand Pit

Sample date: 09/07/2023 Material type: Separator solids Source of analysis: Lab analysis Method of reporting: Dry-weight

Moisture: 31.7 %

	Total N (mg/kg)	Total P (mg/kg)	Total K (mg/kg)	Calcium (mg/kg)	Magnesium (mg/kg)	Sodium (mg/kg)	Sulfur (mg/kg)	Chloride (mg/kg)	Total salt (mg/kg)	TFS (%)
Value	7,400.00	4,300.00	3,600.00	26,300.00	3,600.00	500.00	2,300.00	0.00		82.30
DL	100.00	100.00	100.00	100.00	100.00	100.00	100.00	50.00		0.01

Annual Report - General Order No. R5-2007-0035
Reporting period 01/01/2023 to 12/31/2023.

Slurry Dried

Sample and source description: Slurry Dried

Sample date: 09/07/2023 Material type: Separator solids Source of analysis: Lab analysis Method of reporting: Dry-weight

Moisture: 3.0 %

	Total N (mg/kg)	Total P (mg/kg)	Total K (mg/kg)	Calcium (mg/kg)	Magnesium (mg/kg)	Sodium (mg/kg)	Sulfur (mg/kg)	Chloride (mg/kg)	Total salt (mg/kg)	TFS (%)
Value	16,200.00	4,100.00	5,700.00	14,100.00	5,900.00	1,000.00	3,100.00	0.00		70.90
DL	100.00	100.00	100.00	100.00	100.00	100.00	100.00	50.00		0.01

B. PROCESS WASTEWATER ANALYSES

Slurry

Sample and source description: Slurry

Sample date: 08/04/2022 Material type: Process wastewater sludge Source of analysis: Lab analysis pH: 7.50

	Kjeldahl-N (mg/L)	NH4-N (mg/L)	NH3-N (mg/L)	Nitrate-N (mg/L)	Total P (mg/L)	Total K (mg/L)	Calcium (mg/L)	Magnes. (mg/L)	Sodium (mg/L)	Bicarb. (mg/L)	Carb. (mg/L)	Sulfate (mg/L)	Chloride (mg/L)	EC (µmhos/cm)	TDS (mg/L)
Value	3,530.00	495.00	0.00	9.47	1,550.00	1,200.00								9,470.00	2,870
DL	1.00	0.50	0.50	0.10	0.10	0.50								10.00	10

WWQ1 Lagoon E

Sample and source description: WWQ1 Lagoon E

Sample date: 02/16/2023 Material type: Process wastewater Source of analysis: Lab analysis pH: 7.20

	Kjeldahl-N (mg/L)	NH4-N (mg/L)	NH3-N (mg/L)	Nitrate-N (mg/L)	Total P (mg/L)	Total K (mg/L)	Calcium (mg/L)	Magnes. (mg/L)	Sodium (mg/L)	Bicarb. (mg/L)	Carb. (mg/L)	Sulfate (mg/L)	Chloride (mg/L)	EC (µmhos/cm)	TDS (mg/L)
Value	604.00	437.00	0.00	1.40	70.00	573.00								8,060.00	3,370
DL	1.00	0.50	0.50	0.10	0.10	0.50								10.00	10

Annual Report - General Order No. R5-2007-0035
Reporting period 01/01/2023 to 12/31/2023.

WWQ1 Lagoon W

Sample and source description: WWQ1 Lagoon W

Sample date: 02/16/2023 Material type: Process wastewater Source of analysis: Lab analysis pH: 7.70

	Kjeldahl-N (mg/L)	NH4-N (mg/L)	NH3-N (mg/L)	Nitrate-N (mg/L)	Total P (mg/L)	Total K (mg/L)	Calcium (mg/L)	Magnes. (mg/L)	Sodium (mg/L)	Bicarb. (mg/L)	Carb. (mg/L)	Sulfate (mg/L)	Chloride (mg/L)	EC (µmhos/cm)	TDS (mg/L)
Value	532.00	427.00	0.00	1.40	35.50	646.00								7,740.00	3,470
DL	1.00	0.50	0.50	0.10	0.10	0.50								10.00	10

WWQ2 Lagoon E

Sample and source description: WWQ2 Lagoon E

Sample date: 04/27/2023 Material type: Process wastewater Source of analysis: Lab analysis pH: 7.20

	Kjeldahl-N (mg/L)	NH4-N (mg/L)	NH3-N (mg/L)	Nitrate-N (mg/L)	Total P (mg/L)	Total K (mg/L)	Calcium (mg/L)	Magnes. (mg/L)	Sodium (mg/L)	Bicarb. (mg/L)	Carb. (mg/L)	Sulfate (mg/L)	Chloride (mg/L)	EC (µmhos/cm)	TDS (mg/L)
Value	573.00	421.00	0.00	0.70	85.30	614.00								7,990.00	3,980
DL	1.00	0.50	0.50	0.10	0.10	0.50								10.00	10

WWQ2 Lagoon W

Sample and source description: WWQ2 Lagoon W

Sample date: 04/27/2023 Material type: Process wastewater Source of analysis: Lab analysis pH: 7.80

	Kjeldahl-N (mg/L)	NH4-N (mg/L)	NH3-N (mg/L)	Nitrate-N (mg/L)	Total P (mg/L)	Total K (mg/L)	Calcium (mg/L)	Magnes. (mg/L)	Sodium (mg/L)	Bicarb. (mg/L)	Carb. (mg/L)	Sulfate (mg/L)	Chloride (mg/L)	EC (µmhos/cm)	TDS (mg/L)
Value	590.00	396.00	0.00	0.70	44.20	806.00								8,240.00	4,300
DL	1.00	0.50	0.50	0.10	0.10	0.50								10.00	10

WWQ3 Lagoon E

Sample and source description: WWQ3 Lagoon E

Sample date: 06/21/2023 Material type: Process wastewater Source of analysis: Lab analysis pH: 7.40

	Kjeldahl-N (mg/L)	NH4-N (mg/L)	NH3-N (mg/L)	Nitrate-N (mg/L)	Total P (mg/L)	Total K (mg/L)	Calcium (mg/L)	Magnes. (mg/L)	Sodium (mg/L)	Bicarb. (mg/L)	Carb. (mg/L)	Sulfate (mg/L)	Chloride (mg/L)	EC (µmhos/cm)	TDS (mg/L)
Value	490.00	237.00	0.00	1.30	95.20	478.00								5,110.00	2,120
DL	1.00	0.50	0.50	0.10	0.10	0.50								10.00	10

Annual Report - General Order No. R5-2007-0035
Reporting period 01/01/2023 to 12/31/2023.

WWQ3 Lagoon W

Sample and source description: WWQ3 Lagoon W

Sample date: 06/21/2023 Material type: Process wastewater Source of analysis: Lab analysis pH: 7.50

	Kjeldahl-N (mg/L)	NH4-N (mg/L)	NH3-N (mg/L)	Nitrate-N (mg/L)	Total P (mg/L)	Total K (mg/L)	Calcium (mg/L)	Magnes. (mg/L)	Sodium (mg/L)	Bicarb. (mg/L)	Carb. (mg/L)	Sulfate (mg/L)	Chloride (mg/L)	EC (µmhos/cm)	TDS (mg/L)
Value	1,080.00	467.00	0.00	1.20	42.00	892.00								9,320.00	1,080
DL	1.00	0.50	0.50	0.10	0.10	0.50								10.00	10

WWQ4 Lagoon E

Sample and source description: WWQ4 Lagoon E

Sample date: 10/05/2023 Material type: Process wastewater Source of analysis: Lab analysis pH: 7.30

	Kjeldahl-N (mg/L)	NH4-N (mg/L)	NH3-N (mg/L)	Nitrate-N (mg/L)	Total P (mg/L)	Total K (mg/L)	Calcium (mg/L)	Magnes. (mg/L)	Sodium (mg/L)	Bicarb. (mg/L)	Carb. (mg/L)	Sulfate (mg/L)	Chloride (mg/L)	EC (µmhos/cm)	TDS (mg/L)
Value	491.00	371.00	0.00	0.60	52.10	424.00								4,700.00	491
DL	1.00	0.50	0.50	0.10	0.10	0.50								10.00	10

WWQ4 Lagoon W

Sample and source description: WWQ4 Lagoon W

Sample date: 10/05/2023 Material type: Process wastewater Source of analysis: Lab analysis pH: 7.50

	Kjeldahl-N (mg/L)	NH4-N (mg/L)	NH3-N (mg/L)	Nitrate-N (mg/L)	Total P (mg/L)	Total K (mg/L)	Calcium (mg/L)	Magnes. (mg/L)	Sodium (mg/L)	Bicarb. (mg/L)	Carb. (mg/L)	Sulfate (mg/L)	Chloride (mg/L)	EC (µmhos/cm)	TDS (mg/L)
Value	339.00	244.00	0.00	0.70	36.40	639.00								6,090.00	3,520
DL	1.00	0.50	0.50	0.10	0.10	0.50								10.00	10

C. FRESH WATER ANALYSES

DW 12

Annual Report - General Order No. R5-2007-0035
Reporting period 01/01/2023 to 12/31/2023.

DW 12

Surface Water

Sample description: Surface Water

Sample date: 12/13/2023 Source of analysis: Lab analysis

	Total N (mg/L)	NH4-N (mg/L)	Nitrate-N (mg/L)	Calcium (mg/L)	Magnesium (mg/L)	Sodium (mg/L)	Bicarbonate (mg/L)	Carbonate (mg/L)	Sulfate (mg/L)	Chloride (mg/L)	EC (µmhos/cm)	TDS (mg/L)
Value	2.46	0.00	2.40	53.90	22.10	42.00	255.00	0.00	14.20	7.90	553.00	345
DL	1.00	0.50	0.10	0.10	0.10	1.00	10.00	1.00	0.50	0.20	10.00	10

DW 15

Surface Water

Sample description: Surface Water

Sample date: 12/13/2023 Source of analysis: Lab analysis

	Total N (mg/L)	NH4-N (mg/L)	Nitrate-N (mg/L)	Calcium (mg/L)	Magnesium (mg/L)	Sodium (mg/L)	Bicarbonate (mg/L)	Carbonate (mg/L)	Sulfate (mg/L)	Chloride (mg/L)	EC (µmhos/cm)	TDS (mg/L)
Value	1.00	0.00	0.10	37.80	10.30	42.00	148.00	0.00	40.10	17.00	427.00	307
DL	1.00	0.50	0.10	0.10	0.10	1.00	10.00	1.00	0.50	0.20	10.00	10

DW 29

Surface Water

Sample description: Surface Water

Sample date: 12/13/2023 Source of analysis: Lab analysis

	Total N (mg/L)	NH4-N (mg/L)	Nitrate-N (mg/L)	Calcium (mg/L)	Magnesium (mg/L)	Sodium (mg/L)	Bicarbonate (mg/L)	Carbonate (mg/L)	Sulfate (mg/L)	Chloride (mg/L)	EC (µmhos/cm)	TDS (mg/L)
Value	4.60	0.00	4.60	77.60	34.20	35.00	301.00	0.00	35.30	20.10	726.00	480
DL	1.00	0.50	0.10	0.10	0.10	1.00	10.00	1.00	0.50	0.50	10.00	10

DW 3

Annual Report - General Order No. R5-2007-0035
Reporting period 01/01/2023 to 12/31/2023.

DW 3

Surface Water

Sample description: Surface Water

Sample date: 12/13/2023 Source of analysis: Lab analysis

	Total N (mg/L)	NH4-N (mg/L)	Nitrate-N (mg/L)	Calcium (mg/L)	Magnesium (mg/L)	Sodium (mg/L)	Bicarbonate (mg/L)	Carbonate (mg/L)	Sulfate (mg/L)	Chloride (mg/L)	EC (µmhos/cm)	TDS (mg/L)
Value	7.38	0.00	7.00	49.50	23.60	41.00	228.00	0.00	17.90	14.70	553.00	360
DL	1.00	0.50	0.10	0.10	0.10	1.00	10.00	1.00	0.50	0.20	10.00	10

DW 34

Surface Water

Sample description: Surface Water

Sample date: 12/13/2023 Source of analysis: Lab analysis

	Total N (mg/L)	NH4-N (mg/L)	Nitrate-N (mg/L)	Calcium (mg/L)	Magnesium (mg/L)	Sodium (mg/L)	Bicarbonate (mg/L)	Carbonate (mg/L)	Sulfate (mg/L)	Chloride (mg/L)	EC (µmhos/cm)	TDS (mg/L)
Value	11.70	0.00	11.20	78.10	32.60	40.00	279.00	0.00	21.60	39.80	783.00	510
DL	1.00	0.50	0.10	0.10	0.10	1.00	10.00	1.00	0.50	0.20	10.00	10

GV Canal E

Surface Water

Sample description: Surface Water

Sample date: 04/27/2023 Source of analysis: Lab analysis

	Total N (mg/L)	NH4-N (mg/L)	Nitrate-N (mg/L)	Calcium (mg/L)	Magnesium (mg/L)	Sodium (mg/L)	Bicarbonate (mg/L)	Carbonate (mg/L)	Sulfate (mg/L)	Chloride (mg/L)	EC (µmhos/cm)	TDS (mg/L)
Value	1.00	0.00	0.10								64.90	74
DL	1.00	0.50	0.10								10.00	10

D. SOIL ANALYSES

Annual Report - General Order No. R5-2007-0035
Reporting period 01/01/2023 to 12/31/2023.

Field 1

Soil

Sample and source description: Soil

Sample date: 09/06/2023 Source of analysis: Lab analysis

	Nitrate-N (mg/kg)	Total P (mg/kg)	Soluble P (mg/kg)	K (mg/kg)	EC (µmhos/cm)	Organic matter (%)	Total salt (mg/kg)
Value			22.00				
DL			2.00				

Soil

Sample and source description: Soil

Sample date: 10/26/2023 Source of analysis: Lab analysis

	Nitrate-N (mg/kg)	Total P (mg/kg)	Soluble P (mg/kg)	K (mg/kg)	EC (µmhos/cm)	Organic matter (%)	Total salt (mg/kg)
Value			46.00				
DL			2.00				

Field 10

Soil

Sample and source description: Soil

Sample date: 09/06/2023 Source of analysis: Lab analysis

	Nitrate-N (mg/kg)	Total P (mg/kg)	Soluble P (mg/kg)	K (mg/kg)	EC (µmhos/cm)	Organic matter (%)	Total salt (mg/kg)
Value			32.00				
DL			2.00				

Field 13

Annual Report - General Order No. R5-2007-0035
Reporting period 01/01/2023 to 12/31/2023.

Field 13

Soil

Sample and source description: Soil

Sample date: 10/26/2023 Source of analysis: Lab analysis

	Nitrate-N (mg/kg)	Total P (mg/kg)	Soluble P (mg/kg)	K (mg/kg)	EC (µmhos/cm)	Organic matter (%)	Total salt (mg/kg)
Value			57.00				
DL			2.00				

Field 14

Soil

Sample and source description: Soil

Sample date: 10/26/2023 Source of analysis: Lab analysis

	Nitrate-N (mg/kg)	Total P (mg/kg)	Soluble P (mg/kg)	K (mg/kg)	EC (µmhos/cm)	Organic matter (%)	Total salt (mg/kg)
Value			48.00				
DL			2.00				

Field 15

Soil

Sample and source description: Soil

Sample date: 09/20/2023 Source of analysis: Lab analysis

	Nitrate-N (mg/kg)	Total P (mg/kg)	Soluble P (mg/kg)	K (mg/kg)	EC (µmhos/cm)	Organic matter (%)	Total salt (mg/kg)
Value			39.00				
DL			2.00				

Field 16

Annual Report - General Order No. R5-2007-0035
Reporting period 01/01/2023 to 12/31/2023.

Field 16

Soil

Sample and source description: Soil

Sample date: 10/05/2023 Source of analysis: Lab analysis

	Nitrate-N (mg/kg)	Total P (mg/kg)	Soluble P (mg/kg)	K (mg/kg)	EC (µmhos/cm)	Organic matter (%)	Total salt (mg/kg)
Value			51.00				
DL			2.00				

Field 17

Soil

Sample and source description: Soil

Sample date: 09/20/2023 Source of analysis: Lab analysis

	Nitrate-N (mg/kg)	Total P (mg/kg)	Soluble P (mg/kg)	K (mg/kg)	EC (µmhos/cm)	Organic matter (%)	Total salt (mg/kg)
Value			73.00				
DL			2.00				

Field 18

Soil

Sample and source description: Soil

Sample date: 09/20/2023 Source of analysis: Lab analysis

	Nitrate-N (mg/kg)	Total P (mg/kg)	Soluble P (mg/kg)	K (mg/kg)	EC (µmhos/cm)	Organic matter (%)	Total salt (mg/kg)
Value			68.00				
DL			2.00				

Field 19

Annual Report - General Order No. R5-2007-0035
Reporting period 01/01/2023 to 12/31/2023.

Field 19

Soil

Sample and source description: Soil

Sample date: 10/26/2023 Source of analysis: Lab analysis

	Nitrate-N (mg/kg)	Total P (mg/kg)	Soluble P (mg/kg)	K (mg/kg)	EC (µmhos/cm)	Organic matter (%)	Total salt (mg/kg)
Value			61.00				
DL			2.00				

Field 2

Soil

Sample and source description: Soil

Sample date: 10/12/2023 Source of analysis: Lab analysis

	Nitrate-N (mg/kg)	Total P (mg/kg)	Soluble P (mg/kg)	K (mg/kg)	EC (µmhos/cm)	Organic matter (%)	Total salt (mg/kg)
Value			47.00				
DL			2.00				

Field 20

Soil

Sample and source description: Soil

Sample date: 10/26/2023 Source of analysis: Lab analysis

	Nitrate-N (mg/kg)	Total P (mg/kg)	Soluble P (mg/kg)	K (mg/kg)	EC (µmhos/cm)	Organic matter (%)	Total salt (mg/kg)
Value			59.00				
DL			2.00				

Field 21

Annual Report - General Order No. R5-2007-0035
Reporting period 01/01/2023 to 12/31/2023.

Field 21

Soil

Sample and source description: Soil

Sample date: 10/26/2023 Source of analysis: Lab analysis

	Nitrate-N (mg/kg)	Total P (mg/kg)	Soluble P (mg/kg)	K (mg/kg)	EC (µmhos/cm)	Organic matter (%)	Total salt (mg/kg)
Value			25.00				
DL			2.00				

Field 22

Soil

Sample and source description: Soil

Sample date: 10/26/2023 Source of analysis: Lab analysis

	Nitrate-N (mg/kg)	Total P (mg/kg)	Soluble P (mg/kg)	K (mg/kg)	EC (µmhos/cm)	Organic matter (%)	Total salt (mg/kg)
Value			40.00				
DL			2.00				

Field 23

Soil

Sample and source description: Soil

Sample date: 10/26/2023 Source of analysis: Lab analysis

	Nitrate-N (mg/kg)	Total P (mg/kg)	Soluble P (mg/kg)	K (mg/kg)	EC (µmhos/cm)	Organic matter (%)	Total salt (mg/kg)
Value			26.00				
DL			2.00				

Field 24

Annual Report - General Order No. R5-2007-0035
Reporting period 01/01/2023 to 12/31/2023.

Field 24

Soil

Sample and source description: Soil

Sample date: 10/26/2023 Source of analysis: Lab analysis

	Nitrate-N (mg/kg)	Total P (mg/kg)	Soluble P (mg/kg)	K (mg/kg)	EC (µmhos/cm)	Organic matter (%)	Total salt (mg/kg)
Value			87.00				
DL			2.00				

Field 25

Soil

Sample and source description: Soil

Sample date: 10/26/2023 Source of analysis: Lab analysis

	Nitrate-N (mg/kg)	Total P (mg/kg)	Soluble P (mg/kg)	K (mg/kg)	EC (µmhos/cm)	Organic matter (%)	Total salt (mg/kg)
Value			112.00				
DL			2.00				

Field 27

Soil

Sample and source description: Soil

Sample date: 10/05/2023 Source of analysis: Lab analysis

	Nitrate-N (mg/kg)	Total P (mg/kg)	Soluble P (mg/kg)	K (mg/kg)	EC (µmhos/cm)	Organic matter (%)	Total salt (mg/kg)
Value			89.00				
DL			2.00				

Field 28

Annual Report - General Order No. R5-2007-0035
Reporting period 01/01/2023 to 12/31/2023.

Field 28

Soil

Sample and source description: Soil

Sample date: 10/05/2023 Source of analysis: Lab analysis

	Nitrate-N (mg/kg)	Total P (mg/kg)	Soluble P (mg/kg)	K (mg/kg)	EC (µmhos/cm)	Organic matter (%)	Total salt (mg/kg)
Value			109.00				
DL			2.00				

Field 29

Soil

Sample and source description: Soil

Sample date: 09/11/2023 Source of analysis: Lab analysis

	Nitrate-N (mg/kg)	Total P (mg/kg)	Soluble P (mg/kg)	K (mg/kg)	EC (µmhos/cm)	Organic matter (%)	Total salt (mg/kg)
Value			37.00				
DL			2.00				

Field 3

Soil

Sample and source description: Soil

Sample date: 10/12/2023 Source of analysis: Lab analysis

	Nitrate-N (mg/kg)	Total P (mg/kg)	Soluble P (mg/kg)	K (mg/kg)	EC (µmhos/cm)	Organic matter (%)	Total salt (mg/kg)
Value			80.00				
DL			2.00				

Field 30

Annual Report - General Order No. R5-2007-0035
Reporting period 01/01/2023 to 12/31/2023.

Field 30

Soil

Sample and source description: Soil

Sample date: 10/12/2023 Source of analysis: Lab analysis

	Nitrate-N (mg/kg)	Total P (mg/kg)	Soluble P (mg/kg)	K (mg/kg)	EC (µmhos/cm)	Organic matter (%)	Total salt (mg/kg)
Value			92.00				
DL			2.00				

Field 31

Soil

Sample and source description: Soil

Sample date: 10/05/2023 Source of analysis: Lab analysis

	Nitrate-N (mg/kg)	Total P (mg/kg)	Soluble P (mg/kg)	K (mg/kg)	EC (µmhos/cm)	Organic matter (%)	Total salt (mg/kg)
Value			89.00				
DL			2.00				

Field 32

Soil

Sample and source description: Soil

Sample date: 10/12/2023 Source of analysis: Lab analysis

	Nitrate-N (mg/kg)	Total P (mg/kg)	Soluble P (mg/kg)	K (mg/kg)	EC (µmhos/cm)	Organic matter (%)	Total salt (mg/kg)
Value			139.00				
DL			2.00				

Field 33

Annual Report - General Order No. R5-2007-0035
Reporting period 01/01/2023 to 12/31/2023.

Field 33

Soil

Sample and source description: Soil

Sample date: 09/11/2023 Source of analysis: Lab analysis

	Nitrate-N (mg/kg)	Total P (mg/kg)	Soluble P (mg/kg)	K (mg/kg)	EC (µmhos/cm)	Organic matter (%)	Total salt (mg/kg)
Value			90.00				
DL			2.00				

Field 34

Soil

Sample and source description: Soil

Sample date: 10/12/2023 Source of analysis: Lab analysis

	Nitrate-N (mg/kg)	Total P (mg/kg)	Soluble P (mg/kg)	K (mg/kg)	EC (µmhos/cm)	Organic matter (%)	Total salt (mg/kg)
Value			52.00				
DL			2.00				

Field 35

Soil

Sample and source description: Soil

Sample date: 10/26/2023 Source of analysis: Lab analysis

	Nitrate-N (mg/kg)	Total P (mg/kg)	Soluble P (mg/kg)	K (mg/kg)	EC (µmhos/cm)	Organic matter (%)	Total salt (mg/kg)
Value			30.00				
DL			2.00				

Field 36

Annual Report - General Order No. R5-2007-0035
Reporting period 01/01/2023 to 12/31/2023.

Field 36

Soil

Sample and source description: Soil

Sample date: 10/26/2023 Source of analysis: Lab analysis

	Nitrate-N (mg/kg)	Total P (mg/kg)	Soluble P (mg/kg)	K (mg/kg)	EC (µmhos/cm)	Organic matter (%)	Total salt (mg/kg)
Value			28.00				
DL			2.00				

Field 37

Soil

Sample and source description: Soil

Sample date: 10/26/2023 Source of analysis: Lab analysis

	Nitrate-N (mg/kg)	Total P (mg/kg)	Soluble P (mg/kg)	K (mg/kg)	EC (µmhos/cm)	Organic matter (%)	Total salt (mg/kg)
Value			33.00				
DL			2.00				

Field 4

Soil

Sample and source description: Soil

Sample date: 10/12/2023 Source of analysis: Lab analysis

	Nitrate-N (mg/kg)	Total P (mg/kg)	Soluble P (mg/kg)	K (mg/kg)	EC (µmhos/cm)	Organic matter (%)	Total salt (mg/kg)
Value			59.00				
DL			2.00				

Field 5

Annual Report - General Order No. R5-2007-0035
Reporting period 01/01/2023 to 12/31/2023.

Field 5

Soil

Sample and source description: Soil

Sample date: 10/12/2023 Source of analysis: Lab analysis

	Nitrate-N (mg/kg)	Total P (mg/kg)	Soluble P (mg/kg)	K (mg/kg)	EC (µmhos/cm)	Organic matter (%)	Total salt (mg/kg)
Value			22.00				
DL			2.00				

Field 6

Soil

Sample and source description: Soil

Sample date: 10/26/2023 Source of analysis: Lab analysis

	Nitrate-N (mg/kg)	Total P (mg/kg)	Soluble P (mg/kg)	K (mg/kg)	EC (µmhos/cm)	Organic matter (%)	Total salt (mg/kg)
Value			17.00				
DL			2.00				

Field 7

Soil

Sample and source description: Soil

Sample date: 10/12/2023 Source of analysis: Lab analysis

	Nitrate-N (mg/kg)	Total P (mg/kg)	Soluble P (mg/kg)	K (mg/kg)	EC (µmhos/cm)	Organic matter (%)	Total salt (mg/kg)
Value			40.00				
DL			2.00				

Field 8

Annual Report - General Order No. R5-2007-0035
Reporting period 01/01/2023 to 12/31/2023.

Field 8

Soil

Sample and source description: Soil

Sample date: 09/20/2023 Source of analysis: Lab analysis

	Nitrate-N (mg/kg)	Total P (mg/kg)	Soluble P (mg/kg)	K (mg/kg)	EC (µmhos/cm)	Organic matter (%)	Total salt (mg/kg)
Value			33.00				
DL			2.00				

Field 9

Soil

Sample and source description: Soil

Sample date: 10/12/2023 Source of analysis: Lab analysis

	Nitrate-N (mg/kg)	Total P (mg/kg)	Soluble P (mg/kg)	K (mg/kg)	EC (µmhos/cm)	Organic matter (%)	Total salt (mg/kg)
Value			60.00				
DL			2.00				

Field Joes/DaRocha

Soil

Sample and source description: Soil

Sample date: 10/26/2023 Source of analysis: Lab analysis

	Nitrate-N (mg/kg)	Total P (mg/kg)	Soluble P (mg/kg)	K (mg/kg)	EC (µmhos/cm)	Organic matter (%)	Total salt (mg/kg)
Value			13.00				
DL			2.00				

Field Markarian

Field Markarian

Soil

Sample and source description: Soil

Sample date: 10/26/2023 Source of analysis: Lab analysis

	Nitrate-N (mg/kg)	Total P (mg/kg)	Soluble P (mg/kg)	K (mg/kg)	EC (µmhos/cm)	Organic matter (%)	Total salt (mg/kg)
Value			66.00				
DL			2.00				

E. PLANT TISSUE ANALYSES

Field 1 - 11/01/2022: Wheat, silage, soft dough

Winter Forage

Sample and source description: Winter Forage

Sample date: 05/18/2023 Source of analysis: Lab analysis Method of reporting: As-is

Moisture: 59.6 %

	Total N (mg/kg)	Total P (mg/kg)	Total K (mg/kg)	Total salt (mg/kg)	TFS (%)
Value	2,900.00	500.00	3,900.00		7.80
DL	100.00	100.00	100.00		0.01

Field 1 - 07/05/2023: Corn, silage

Corn Silage

Sample and source description: Corn Silage

Sample date: 10/26/2023 Source of analysis: Lab analysis Method of reporting: As-is

Moisture: 62.2 %

	Total N (mg/kg)	Total P (mg/kg)	Total K (mg/kg)	Total salt (mg/kg)	TFS (%)
Value	3,600.00	1,100.00	3,300.00		4.70
DL	100.00	100.00	100.00		0.01

Annual Report - General Order No. R5-2007-0035
Reporting period 01/01/2023 to 12/31/2023.

Field 10 - 11/04/2022: Wheat, silage, soft dough

Winter Forage

Sample and source description: Winter Forage
Sample date: 05/18/2023 Source of analysis: Lab analysis Method of reporting: As-is
Moisture: 70.6 %

	Total N (mg/kg)	Total P (mg/kg)	Total K (mg/kg)	Total salt (mg/kg)	TFS (%)
Value	3,800.00	800.00	5,000.00		8.50
DL	100.00	100.00	100.00		0.01

Field 10 - 05/29/2023: Corn, silage

Corn Silage

Sample and source description: Corn Silage
Sample date: 09/13/2023 Source of analysis: Lab analysis Method of reporting: As-is
Moisture: 71.2 %

	Total N (mg/kg)	Total P (mg/kg)	Total K (mg/kg)	Total salt (mg/kg)	TFS (%)
Value	3,200.00	700.00	3,200.00		4.60
DL	100.00	100.00	100.00		0.01

Field 11 - 11/04/2022: Wheat, silage, soft dough

Winter Forage

Sample and source description: Winter Forage
Sample date: 05/18/2023 Source of analysis: Lab analysis Method of reporting: As-is
Moisture: 68.1 %

	Total N (mg/kg)	Total P (mg/kg)	Total K (mg/kg)	Total salt (mg/kg)	TFS (%)
Value	3,200.00	700.00	5,200.00		7.50
DL	100.00	100.00	100.00		0.01

Annual Report - General Order No. R5-2007-0035
Reporting period 01/01/2023 to 12/31/2023.

Field 11 - 05/31/2023: Corn, silage

Corn Silage

Sample and source description: Corn Silage
Sample date: 09/13/2023 Source of analysis: Lab analysis Method of reporting: As-is
Moisture: 73.5 %

	Total N (mg/kg)	Total P (mg/kg)	Total K (mg/kg)	Total salt (mg/kg)	TFS (%)
Value	3,000.00	500.00	4,600.00		5.90
DL	100.00	100.00	100.00		0.01

Field 12 - 11/04/2022: Wheat, silage, boot stage

Winter Forage

Sample and source description: Winter Forage
Sample date: 05/18/2023 Source of analysis: Lab analysis Method of reporting: As-is
Moisture: 69.3 %

	Total N (mg/kg)	Total P (mg/kg)	Total K (mg/kg)	Total salt (mg/kg)	TFS (%)
Value	4,500.00	800.00	6,000.00		10.60
DL	100.00	100.00	100.00		0.01

Field 12 - 06/16/2023: Corn, silage

Corn Silage

Sample and source description: Corn Silage
Sample date: 10/12/2023 Source of analysis: Lab analysis Method of reporting: As-is
Moisture: 63.6 %

	Total N (mg/kg)	Total P (mg/kg)	Total K (mg/kg)	Total salt (mg/kg)	TFS (%)
Value	4,700.00	900.00	4,100.00		6.10
DL	100.00	100.00	100.00		0.01

Annual Report - General Order No. R5-2007-0035
Reporting period 01/01/2023 to 12/31/2023.

Field 13 - 10/31/2022: Wheat Hay

Wheat Hay

Sample and source description: Wheat Hay
Sample date: 06/15/2023 Source of analysis: Lab analysis Method of reporting: As-is
Moisture: 7.1 %

	Total N (mg/kg)	Total P (mg/kg)	Total K (mg/kg)	Total salt (mg/kg)	TFS (%)
Value	12,500.00	2,200.00	16,800.00		12.10
DL	100.00	100.00	100.00		0.01

Field 13 - 07/14/2023: Corn, silage

Corn Silage

Sample and source description: Corn Silage
Sample date: 10/26/2023 Source of analysis: Lab analysis Method of reporting: As-is
Moisture: 56.9 %

	Total N (mg/kg)	Total P (mg/kg)	Total K (mg/kg)	Total salt (mg/kg)	TFS (%)
Value	4,800.00	1,200.00	4,800.00		5.10
DL	100.00	100.00	100.00		0.01

Field 14 - 07/19/2023: Corn, silage

Corn Silage

Sample and source description: Corn Silage
Sample date: 10/26/2023 Source of analysis: Lab analysis Method of reporting: As-is
Moisture: 57.1 %

	Total N (mg/kg)	Total P (mg/kg)	Total K (mg/kg)	Total salt (mg/kg)	TFS (%)
Value	4,800.00	1,100.00	5,600.00		5.10
DL	100.00	100.00	100.00		0.01

Annual Report - General Order No. R5-2007-0035
Reporting period 01/01/2023 to 12/31/2023.

Field 15 - 11/02/2022: Wheat, silage, soft dough

Winter Forage

Sample and source description: Winter Forage
Sample date: 05/18/2023 Source of analysis: Lab analysis Method of reporting: As-is
Moisture: 66.1 %

	Total N (mg/kg)	Total P (mg/kg)	Total K (mg/kg)	Total salt (mg/kg)	TFS (%)
Value	2,300.00	600.00	3,700.00		7.50
DL	100.00	100.00	100.00		0.01

Field 15 - 06/12/2023: Corn, silage

Corn Silage

Sample and source description: Corn Silage
Sample date: 09/20/2023 Source of analysis: Lab analysis Method of reporting: As-is
Moisture: 75.6 %

	Total N (mg/kg)	Total P (mg/kg)	Total K (mg/kg)	Total salt (mg/kg)	TFS (%)
Value	3,600.00	600.00	3,400.00		6.90
DL	100.00	100.00	100.00		0.01

Field 16 - 11/03/2022: Wheat, silage, soft dough

Winter Forage

Sample and source description: Winter Forage
Sample date: 05/18/2023 Source of analysis: Lab analysis Method of reporting: As-is
Moisture: 63.5 %

	Total N (mg/kg)	Total P (mg/kg)	Total K (mg/kg)	Total salt (mg/kg)	TFS (%)
Value	4,100.00	700.00	4,500.00		7.40
DL	100.00	100.00	100.00		0.01

Annual Report - General Order No. R5-2007-0035
Reporting period 01/01/2023 to 12/31/2023.

Field 16 - 06/12/2023: Corn, silage

Corn Silage

Sample and source description: Corn Silage
Sample date: 10/05/2023 Source of analysis: Lab analysis Method of reporting: As-is
Moisture: 65.9 %

	Total N (mg/kg)	Total P (mg/kg)	Total K (mg/kg)	Total salt (mg/kg)	TFS (%)
Value	4,000.00	900.00	4,400.00		6.70
DL	100.00	100.00	100.00		0.01

Field 17 - 11/03/2022: Wheat, silage, soft dough

Winter Forage

Sample and source description: Winter Forage
Sample date: 05/18/2023 Source of analysis: Lab analysis Method of reporting: As-is
Moisture: 63.6 %

	Total N (mg/kg)	Total P (mg/kg)	Total K (mg/kg)	Total salt (mg/kg)	TFS (%)
Value	4,500.00	800.00	6,100.00		8.80
DL	100.00	100.00	100.00		0.01

Field 17 - 06/12/2023: Corn, silage

Corn Silage

Sample and source description: Corn Silage
Sample date: 09/20/2023 Source of analysis: Lab analysis Method of reporting: As-is
Moisture: 73.7 %

	Total N (mg/kg)	Total P (mg/kg)	Total K (mg/kg)	Total salt (mg/kg)	TFS (%)
Value	3,600.00	600.00	4,000.00		7.50
DL	100.00	100.00	100.00		0.01

Annual Report - General Order No. R5-2007-0035
Reporting period 01/01/2023 to 12/31/2023.

Field 18 - 11/03/2022: Wheat, silage, soft dough

Winter Forage

Sample and source description: Winter Forage
Sample date: 05/18/2023 Source of analysis: Lab analysis Method of reporting: As-is
Moisture: 60.5 %

	Total N (mg/kg)	Total P (mg/kg)	Total K (mg/kg)	Total salt (mg/kg)	TFS (%)
Value	4,900.00	1,100.00	7,600.00		9.60
DL	100.00	100.00	100.00		0.01

Field 18 - 06/09/2023: Corn, silage

Corn Silage

Sample and source description: Corn Silage
Sample date: 09/20/2023 Source of analysis: Lab analysis Method of reporting: As-is
Moisture: 65.1 %

	Total N (mg/kg)	Total P (mg/kg)	Total K (mg/kg)	Total salt (mg/kg)	TFS (%)
Value	4,200.00	800.00	2,900.00		6.30
DL	100.00	100.00	100.00		0.01

Field 19 - 11/03/2022: Wheat, silage, soft dough

Winter Forage

Sample and source description: Winter Forage
Sample date: 05/18/2023 Source of analysis: Lab analysis Method of reporting: As-is
Moisture: 58.4 %

	Total N (mg/kg)	Total P (mg/kg)	Total K (mg/kg)	Total salt (mg/kg)	TFS (%)
Value	4,700.00	900.00	6,100.00		6.70
DL	10.00	100.00	100.00		0.01

Annual Report - General Order No. R5-2007-0035
Reporting period 01/01/2023 to 12/31/2023.

Field 19 - 07/07/2023: Corn, silage

Corn Silage

Sample and source description: Corn Silage
Sample date: 10/26/2023 Source of analysis: Lab analysis Method of reporting: As-is
Moisture: 60.5 %

	Total N (mg/kg)	Total P (mg/kg)	Total K (mg/kg)	Total salt (mg/kg)	TFS (%)
Value	4,100.00	1,200.00	3,800.00		5.60
DL	100.00	100.00	100.00		0.01

Field 2 - 11/01/2022: Wheat, silage, soft dough

Winter Forage

Sample and source description: Winter Forage
Sample date: 05/18/2023 Source of analysis: Lab analysis Method of reporting: As-is
Moisture: 60.3 %

	Total N (mg/kg)	Total P (mg/kg)	Total K (mg/kg)	Total salt (mg/kg)	TFS (%)
Value	3,400.00	500.00	3,800.00		10.40
DL	100.00	100.00	100.00		0.01

Field 2 - 07/05/2023: Corn, silage

Corn Silage

Sample and source description: Corn Silage
Sample date: 10/12/2023 Source of analysis: Lab analysis Method of reporting: As-is
Moisture: 67.9 %

	Total N (mg/kg)	Total P (mg/kg)	Total K (mg/kg)	Total salt (mg/kg)	TFS (%)
Value	4,100.00	800.00	4,300.00		6.00
DL	100.00	100.00	100.00		0.01

Annual Report - General Order No. R5-2007-0035
Reporting period 01/01/2023 to 12/31/2023.

Field 20 - 11/03/2022: Wheat, silage, soft dough

Winter Forage

Sample and source description: Winter Forage
Sample date: 05/18/2023 Source of analysis: Lab analysis Method of reporting: As-is
Moisture: 68.3 %

	Total N (mg/kg)	Total P (mg/kg)	Total K (mg/kg)	Total salt (mg/kg)	TFS (%)
Value	3,600.00	800.00	5,600.00		8.60
DL	100.00	100.00	100.00		0.01

Field 20 - 07/09/2023: Corn, silage

Corn Silage

Sample and source description: Corn Silage
Sample date: 10/26/2023 Source of analysis: Lab analysis Method of reporting: As-is
Moisture: 60.7 %

	Total N (mg/kg)	Total P (mg/kg)	Total K (mg/kg)	Total salt (mg/kg)	TFS (%)
Value	4,800.00	1,100.00	4,300.00		5.30
DL	100.00	100.00	100.00		0.01

Field 21 - 11/02/2022: Wheat, silage, soft dough

Winter Forage

Sample and source description: Winter Forage
Sample date: 05/18/2023 Source of analysis: Lab analysis Method of reporting: As-is
Moisture: 65.1 %

	Total N (mg/kg)	Total P (mg/kg)	Total K (mg/kg)	Total salt (mg/kg)	TFS (%)
Value	4,500.00	800.00	6,400.00		7.40
DL	100.00	100.00	100.00		0.01

Annual Report - General Order No. R5-2007-0035
Reporting period 01/01/2023 to 12/31/2023.

Field 21 - 07/09/2023: Corn, silage

Corn Silage

Sample and source description: Corn Silage
Sample date: 10/26/2023 Source of analysis: Lab analysis Method of reporting: As-is
Moisture: 57.2 %

	Total N (mg/kg)	Total P (mg/kg)	Total K (mg/kg)	Total salt (mg/kg)	TFS (%)
Value	4,800.00	900.00	4,500.00		4.20
DL	100.00	100.00	100.00		0.01

Field 22 - 11/02/2022: Wheat, silage, soft dough

Winter Forage

Sample and source description: Winter Forage
Sample date: 05/18/2023 Source of analysis: Lab analysis Method of reporting: As-is
Moisture: 63.6 %

	Total N (mg/kg)	Total P (mg/kg)	Total K (mg/kg)	Total salt (mg/kg)	TFS (%)
Value	4,400.00	700.00	5,100.00		7.30
DL	100.00	100.00	100.00		0.01

Field 22 - 07/08/2023: Corn, silage

Corn Silage

Sample and source description: Corn Silage
Sample date: 10/26/2023 Source of analysis: Lab analysis Method of reporting: As-is
Moisture: 61.5 %

	Total N (mg/kg)	Total P (mg/kg)	Total K (mg/kg)	Total salt (mg/kg)	TFS (%)
Value	4,300.00	900.00	4,000.00		5.10
DL	100.00	100.00	100.00		0.01

Annual Report - General Order No. R5-2007-0035
Reporting period 01/01/2023 to 12/31/2023.

Field 23 - 11/04/2022: Wheat Hay

Wheat Hay

Sample and source description: Wheat Hay
Sample date: 06/15/2023 Source of analysis: Lab analysis Method of reporting: As-is
Moisture: 6.7 %

	Total N (mg/kg)	Total P (mg/kg)	Total K (mg/kg)	Total salt (mg/kg)	TFS (%)
Value	11,400.00	2,000.00	15,200.00		10.10
DL	100.00	100.00	100.00		0.01

Field 23 - 07/17/2023: Corn, silage

Corn Silage

Sample and source description: Corn Silage
Sample date: 10/26/2023 Source of analysis: Lab analysis Method of reporting: As-is
Moisture: 58.1 %

	Total N (mg/kg)	Total P (mg/kg)	Total K (mg/kg)	Total salt (mg/kg)	TFS (%)
Value	4,500.00	1,000.00	4,500.00		5.50
DL	100.00	100.00	100.00		0.01

Field 24 - 11/03/2022: Wheat, silage, soft dough

Winter Forage

Sample and source description: Winter Forage
Sample date: 05/18/2023 Source of analysis: Lab analysis Method of reporting: As-is
Moisture: 74.7 %

	Total N (mg/kg)	Total P (mg/kg)	Total K (mg/kg)	Total salt (mg/kg)	TFS (%)
Value	5,400.00	800.00	7,000.00		10.40
DL	100.00	100.00	100.00		0.01

Annual Report - General Order No. R5-2007-0035
Reporting period 01/01/2023 to 12/31/2023.

Field 24 - 07/25/2023: Corn, silage

Corn Silage

Sample and source description: Corn Silage
Sample date: 10/26/2023 Source of analysis: Lab analysis Method of reporting: As-is
Moisture: 74.3 %

	Total N (mg/kg)	Total P (mg/kg)	Total K (mg/kg)	Total salt (mg/kg)	TFS (%)
Value	3,500.00	600.00	2,800.00		5.10
DL	100.00	100.00	100.00		0.01

Field 25 - 11/04/2022: Wheat, silage, soft dough

Winter Forage

Sample and source description: Winter Forage
Sample date: 05/18/2023 Source of analysis: Lab analysis Method of reporting: As-is
Moisture: 61.2 %

	Total N (mg/kg)	Total P (mg/kg)	Total K (mg/kg)	Total salt (mg/kg)	TFS (%)
Value	6,400.00	1,000.00	7,300.00		10.10
DL	100.00	100.00	100.00		0.01

Field 26 - 11/04/2022: Wheat, silage, soft dough

Winter Forage

Sample and source description: Winter Forage
Sample date: 05/18/2023 Source of analysis: Lab analysis Method of reporting: As-is
Moisture: 63.7 %

	Total N (mg/kg)	Total P (mg/kg)	Total K (mg/kg)	Total salt (mg/kg)	TFS (%)
Value	6,400.00	1,000.00	8,300.00		8.60
DL	100.00	100.00	100.00		0.01

Annual Report - General Order No. R5-2007-0035
Reporting period 01/01/2023 to 12/31/2023.

Field 27 - 11/03/2022: Wheat, silage, soft dough

Winter Forage

Sample and source description: Winter Forage
Sample date: 05/18/2023 Source of analysis: Lab analysis Method of reporting: As-is
Moisture: 75.3 %

	Total N (mg/kg)	Total P (mg/kg)	Total K (mg/kg)	Total salt (mg/kg)	TFS (%)
Value	3,400.00	700.00	4,800.00		9.00
DL	100.00	100.00	100.00		0.01

Field 27 - 06/24/2023: Corn, silage

Corn Silage

Sample and source description: Corn Silage
Sample date: 10/05/2023 Source of analysis: Lab analysis Method of reporting: As-is
Moisture: 63.7 %

	Total N (mg/kg)	Total P (mg/kg)	Total K (mg/kg)	Total salt (mg/kg)	TFS (%)
Value	4,500.00	800.00	6,000.00		6.40
DL	100.00	100.00	100.00		0.01

Field 28 - 11/05/2022: Wheat, silage, soft dough

Winter Forage

Sample and source description: Winter Forage
Sample date: 05/18/2023 Source of analysis: Lab analysis Method of reporting: As-is
Moisture: 78.2 %

	Total N (mg/kg)	Total P (mg/kg)	Total K (mg/kg)	Total salt (mg/kg)	TFS (%)
Value	4,200.00	800.00	5,600.00		9.10
DL	100.00	100.00	100.00		0.01

Annual Report - General Order No. R5-2007-0035
Reporting period 01/01/2023 to 12/31/2023.

Field 28 - 06/28/2023: Corn, silage

Corn Silage

Sample and source description: Corn Silage
Sample date: 10/05/2023 Source of analysis: Lab analysis Method of reporting: As-is
Moisture: 66.9 %

	Total N (mg/kg)	Total P (mg/kg)	Total K (mg/kg)	Total salt (mg/kg)	TFS (%)
Value	4,200.00	700.00	4,700.00		5.00
DL	100.00	100.00	100.00		0.01

Field 29 - 11/04/2022: Wheat, silage, soft dough

Winter Forage

Sample and source description: Winter Forage
Sample date: 05/18/2023 Source of analysis: Lab analysis Method of reporting: As-is
Moisture: 70.2 %

	Total N (mg/kg)	Total P (mg/kg)	Total K (mg/kg)	Total salt (mg/kg)	TFS (%)
Value	3,800.00	800.00	4,900.00		7.50
DL	100.00	100.00	100.00		0.01

Field 29 - 06/01/2023: Corn, silage

Corn Silage

Sample and source description: Corn Silage
Sample date: 09/13/2023 Source of analysis: Lab analysis Method of reporting: As-is
Moisture: 73.8 %

	Total N (mg/kg)	Total P (mg/kg)	Total K (mg/kg)	Total salt (mg/kg)	TFS (%)
Value	3,000.00	600.00	3,400.00		4.50
DL	100.00	100.00	100.00		0.01

Annual Report - General Order No. R5-2007-0035
Reporting period 01/01/2023 to 12/31/2023.

Field 3 - 11/05/2022: Wheat Hay

Wheat Hay

Sample and source description: Wheat Hay
Sample date: 06/15/2023 Source of analysis: Lab analysis Method of reporting: As-is
Moisture: 6.7 %

	Total N (mg/kg)	Total P (mg/kg)	Total K (mg/kg)	Total salt (mg/kg)	TFS (%)
Value	8,400.00	1,600.00	10,100.00		10.20
DL	100.00	100.00	100.00		0.01

Field 3 - 07/05/2023: Corn, silage

Corn Silage

Sample and source description: Corn Silage
Sample date: 10/12/2023 Source of analysis: Lab analysis Method of reporting: As-is
Moisture: 66.6 %

	Total N (mg/kg)	Total P (mg/kg)	Total K (mg/kg)	Total salt (mg/kg)	TFS (%)
Value	4,600.00	900.00	3,800.00		5.60
DL	100.00	100.00	100.00		0.01

Field 30 - 11/03/2022: Wheat, silage, soft dough

Winter Forage

Sample and source description: Winter Forage
Sample date: 05/18/2023 Source of analysis: Lab analysis Method of reporting: As-is
Moisture: 67.3 %

	Total N (mg/kg)	Total P (mg/kg)	Total K (mg/kg)	Total salt (mg/kg)	TFS (%)
Value	3,300.00	700.00	5,500.00		10.00
DL	100.00	100.00	100.00		0.01

Annual Report - General Order No. R5-2007-0035
Reporting period 01/01/2023 to 12/31/2023.

Field 30 - 06/29/2023: Corn, silage

Corn Silage

Sample and source description: Corn Silage
Sample date: 10/12/2023 Source of analysis: Lab analysis Method of reporting: As-is
Moisture: 66.6 %

	Total N (mg/kg)	Total P (mg/kg)	Total K (mg/kg)	Total salt (mg/kg)	TFS (%)
Value	3,400.00	800.00	4,600.00		6.00
DL	100.00	100.00	100.00		0.01

Field 31 - 11/03/2022: Wheat, silage, soft dough

Winter Forage

Sample and source description: Winter Forage
Sample date: 05/18/2023 Source of analysis: Lab analysis Method of reporting: As-is
Moisture: 71.8 %

	Total N (mg/kg)	Total P (mg/kg)	Total K (mg/kg)	Total salt (mg/kg)	TFS (%)
Value	3,100.00	900.00	6,000.00		10.40
DL	100.00	100.00	100.00		0.01

Field 31 - 06/07/2023: Corn, silage

Corn Silage

Sample and source description: Corn Silage
Sample date: 10/05/2023 Source of analysis: Lab analysis Method of reporting: As-is
Moisture: 64.0 %

	Total N (mg/kg)	Total P (mg/kg)	Total K (mg/kg)	Total salt (mg/kg)	TFS (%)
Value	3,900.00	700.00	5,800.00		5.70
DL	100.00	100.00	100.00		0.01

Annual Report - General Order No. R5-2007-0035
Reporting period 01/01/2023 to 12/31/2023.

Field 32 - 11/04/2022: Wheat, silage, soft dough

Winter Forage

Sample and source description: Winter Forage
Sample date: 05/18/2023 Source of analysis: Lab analysis Method of reporting: As-is
Moisture: 63.8 %

	Total N (mg/kg)	Total P (mg/kg)	Total K (mg/kg)	Total salt (mg/kg)	TFS (%)
Value	5,200.00	900.00	6,600.00		8.50
DL	100.00	100.00	100.00		0.01

Field 32 - 06/29/2023: Corn, silage

Corn Silage

Sample and source description: Corn Silage
Sample date: 10/12/2023 Source of analysis: Lab analysis Method of reporting: As-is
Moisture: 67.2 %

	Total N (mg/kg)	Total P (mg/kg)	Total K (mg/kg)	Total salt (mg/kg)	TFS (%)
Value	3,800.00	800.00	4,500.00		6.40
DL	100.00	100.00	100.00		0.01

Field 33 - 11/03/2022: Wheat, silage, soft dough

Winter Forage

Sample and source description: Winter Forage
Sample date: 05/18/2023 Source of analysis: Lab analysis Method of reporting: As-is
Moisture: 80.2 %

	Total N (mg/kg)	Total P (mg/kg)	Total K (mg/kg)	Total salt (mg/kg)	TFS (%)
Value	3,600.00	700.00	4,200.00		8.70
DL	100.00	100.00	100.00		0.01

Annual Report - General Order No. R5-2007-0035
Reporting period 01/01/2023 to 12/31/2023.

Field 33 - 06/01/2023: Corn, silage

Corn Silage

Sample and source description: Corn Silage
Sample date: 09/13/2023 Source of analysis: Lab analysis Method of reporting: As-is
Moisture: 70.4 %

	Total N (mg/kg)	Total P (mg/kg)	Total K (mg/kg)	Total salt (mg/kg)	TFS (%)
Value	2,700.00	900.00	4,800.00		5.90
DL	100.00	100.00	100.00		0.01

Field 34 - 11/05/2022: Wheat, silage, soft dough

Winter Forage

Sample and source description: Winter Forage
Sample date: 05/18/2023 Source of analysis: Lab analysis Method of reporting: As-is
Moisture: 66.9 %

	Total N (mg/kg)	Total P (mg/kg)	Total K (mg/kg)	Total salt (mg/kg)	TFS (%)
Value	4,500.00	900.00	6,800.00		10.20
DL	100.00	100.00	100.00		0.01

Field 34 - 06/12/2023: Corn, silage

Corn Silage

Sample and source description: Corn Silage
Sample date: 10/12/2023 Source of analysis: Lab analysis Method of reporting: As-is
Moisture: 64.1 %

	Total N (mg/kg)	Total P (mg/kg)	Total K (mg/kg)	Total salt (mg/kg)	TFS (%)
Value	4,000.00	900.00	4,400.00		5.00
DL	100.00	100.00	100.00		0.01

Annual Report - General Order No. R5-2007-0035
Reporting period 01/01/2023 to 12/31/2023.

Field 35 - 11/05/2022: Wheat, silage, soft dough

Winter Forage

Sample and source description: Winter Forage
Sample date: 05/18/2023 Source of analysis: Lab analysis Method of reporting: As-is
Moisture: 62.3 %

	Total N (mg/kg)	Total P (mg/kg)	Total K (mg/kg)	Total salt (mg/kg)	TFS (%)
Value	3,900.00	800.00	5,900.00		9.30
DL	100.00	100.00	100.00		0.01

Field 36 - 11/05/2022: Wheat, silage, soft dough

Winter Forage

Sample and source description: Winter Forage
Sample date: 05/18/2023 Source of analysis: Lab analysis Method of reporting: As-is
Moisture: 58.0 %

	Total N (mg/kg)	Total P (mg/kg)	Total K (mg/kg)	Total salt (mg/kg)	TFS (%)
Value	6,000.00	1,300.00	8,100.00		7.60
DL	100.00	100.00	100.00		0.01

Field 37 - 11/04/2022: Wheat, silage, soft dough

Winter Forage

Sample and source description: Winter Forage
Sample date: 05/18/2023 Source of analysis: Lab analysis Method of reporting: As-is
Moisture: 62.7 %

	Total N (mg/kg)	Total P (mg/kg)	Total K (mg/kg)	Total salt (mg/kg)	TFS (%)
Value	38,300.00	800.00	4,200.00		7.90
DL	100.00	100.00	100.00		0.01

Annual Report - General Order No. R5-2007-0035
Reporting period 01/01/2023 to 12/31/2023.

Field 4 - 11/01/2022: Wheat, silage, soft dough

Winter Forage

Sample and source description: Winter Forage
Sample date: 05/18/2023 Source of analysis: Lab analysis Method of reporting: As-is
Moisture: 67.3 %

	Total N (mg/kg)	Total P (mg/kg)	Total K (mg/kg)	Total salt (mg/kg)	TFS (%)
Value	5,000.00	800.00	4,400.00		6.80
DL	100.00	100.00	100.00		0.01

Field 4 - 07/01/2023: Corn, silage

Corn Silage

Sample and source description: Corn Silage
Sample date: 10/12/2023 Source of analysis: Lab analysis Method of reporting: As-is
Moisture: 66.2 %

	Total N (mg/kg)	Total P (mg/kg)	Total K (mg/kg)	Total salt (mg/kg)	TFS (%)
Value	4,500.00	800.00	3,000.00		4.80
DL	100.00	100.00	100.00		0.01

Field 5 - 11/01/2022: Wheat, silage, boot stage

Winter Forage

Sample and source description: Winter Forage
Sample date: 05/18/2023 Source of analysis: Lab analysis Method of reporting: As-is
Moisture: 63.4 %

	Total N (mg/kg)	Total P (mg/kg)	Total K (mg/kg)	Total salt (mg/kg)	TFS (%)
Value	3,300.00	600.00	4,000.00		6.10
DL	100.00	100.00	100.00		0.01

Annual Report - General Order No. R5-2007-0035
Reporting period 01/01/2023 to 12/31/2023.

Field 5 - 07/01/2023: Corn, silage

Corn Silage

Sample and source description: Corn Silage
Sample date: 10/12/2023 Source of analysis: Lab analysis Method of reporting: As-is
Moisture: 67.6 %

	Total N (mg/kg)	Total P (mg/kg)	Total K (mg/kg)	Total salt (mg/kg)	TFS (%)
Value	3,900.00	500.00	2,700.00		4.70
DL	100.00	100.00	100.00		0.01

Field 6 - 11/03/2022: Wheat, silage, soft dough

Winter Forage

Sample and source description: Winter Forage
Sample date: 05/18/2023 Source of analysis: Lab analysis Method of reporting: As-is
Moisture: 64.5 %

	Total N (mg/kg)	Total P (mg/kg)	Total K (mg/kg)	Total salt (mg/kg)	TFS (%)
Value	4,600.00	500.00	5,000.00		7.20
DL	100.00	100.00	100.00		0.01

Field 6 - 07/06/2023: Corn, silage

Corn Silage

Sample and source description: Corn Silage
Sample date: 10/26/2023 Source of analysis: Lab analysis Method of reporting: As-is
Moisture: 59.0 %

	Total N (mg/kg)	Total P (mg/kg)	Total K (mg/kg)	Total salt (mg/kg)	TFS (%)
Value	5,200.00	1,200.00	4,700.00		5.70
DL	100.00	100.00	100.00		0.01

Annual Report - General Order No. R5-2007-0035
Reporting period 01/01/2023 to 12/31/2023.

Field 7 - 11/01/2022: Wheat, silage, soft dough

Winter Forage

Sample and source description: Winter Forage
Sample date: 05/18/2023 Source of analysis: Lab analysis Method of reporting: As-is
Moisture: 61.3 %

	Total N (mg/kg)	Total P (mg/kg)	Total K (mg/kg)	Total salt (mg/kg)	TFS (%)
Value	4,300.00	900.00	5,200.00		7.90
DL	100.00	100.00	100.00		0.01

Field 7 - 06/30/2023: Corn, silage

Corn Silage

Sample and source description: Corn Silage
Sample date: 10/12/2023 Source of analysis: Lab analysis Method of reporting: As-is
Moisture: 66.3 %

	Total N (mg/kg)	Total P (mg/kg)	Total K (mg/kg)	Total salt (mg/kg)	TFS (%)
Value	4,400.00	700.00	3,600.00		5.10
DL	100.00	100.00	100.00		0.01

Field 8 - 11/01/2022: Wheat, silage, soft dough

Winter Forage

Sample and source description: Winter Forage
Sample date: 05/18/2023 Source of analysis: Lab analysis Method of reporting: As-is
Moisture: 60.7 %

	Total N (mg/kg)	Total P (mg/kg)	Total K (mg/kg)	Total salt (mg/kg)	TFS (%)
Value	3,300.00	800.00	4,600.00		7.60
DL	100.00	100.00	100.00		0.01

Annual Report - General Order No. R5-2007-0035
Reporting period 01/01/2023 to 12/31/2023.

Field 8 - 06/14/2023: Corn, silage

Corn Silage

Sample and source description: Corn Silage
Sample date: 09/20/2023 Source of analysis: Lab analysis Method of reporting: As-is
Moisture: 70.3 %

	Total N (mg/kg)	Total P (mg/kg)	Total K (mg/kg)	Total salt (mg/kg)	TFS (%)
Value	3,500.00	800.00	2,900.00		5.00
DL	100.00	100.00	100.00		0.01

Field 9 - 11/02/2022: Wheat, silage, soft dough

Winter Forage

Sample and source description: Winter Forage
Sample date: 05/18/2023 Source of analysis: Lab analysis Method of reporting: As-is
Moisture: 58.7 %

	Total N (mg/kg)	Total P (mg/kg)	Total K (mg/kg)	Total salt (mg/kg)	TFS (%)
Value	3,200.00	600.00	4,400.00		7.00
DL	100.00	100.00	100.00		0.01

Field 9 - 06/29/2023: Corn, silage

Corn SIlage

Sample and source description: Corn SIlage
Sample date: 10/12/2023 Source of analysis: Lab analysis Method of reporting: As-is
Moisture: 62.9 %

	Total N (mg/kg)	Total P (mg/kg)	Total K (mg/kg)	Total salt (mg/kg)	TFS (%)
Value	4,100.00	900.00	4,000.00		5.30
DL	100.00	100.00	100.00		0.01

Annual Report - General Order No. R5-2007-0035
Reporting period 01/01/2023 to 12/31/2023.

Field Joes/DaRocha - 10/31/2022: Wheat Hay

Wheat Hay

Sample and source description: Wheat Hay

Sample date: 06/15/2023 Source of analysis: Lab analysis Method of reporting: As-is

Moisture: 7.6 %

	Total N (mg/kg)	Total P (mg/kg)	Total K (mg/kg)	Total salt (mg/kg)	TFS (%)
Value	9,800.00	1,700.00	12,500.00		11.40
DL	100.00	100.00	100.00		0.01

Field Markarian - 10/31/2022: Wheat Hay

Wheat Hay

Sample and source description: Wheat Hay

Sample date: 06/15/2023 Source of analysis: Lab analysis Method of reporting: As-is

Moisture: 6.3 %

	Total N (mg/kg)	Total P (mg/kg)	Total K (mg/kg)	Total salt (mg/kg)	TFS (%)
Value	9,800.00	2,000.00	11,900.00		15.00
DL	100.00	100.00	100.00		0.01

F. SUBSURFACE (TILE) DRAINAGE ANALYSES

No subsurface (tile) drainage analyses entered.

Annual Report - General Order No. R5-2007-0035
Reporting period 01/01/2023 to 12/31/2023.

NUTRIENT APPLICATIONS, POTENTIAL REMOVAL, AND BALANCE

A. SUMMARY OF NUTRIENT APPLICATIONS, POTENTIAL REMOVAL, AND BALANCE

	Total N (lbs)	Total P (lbs)	Total K (lbs)	Total salt (lbs)
Existing soil nutrient content	0.00	0.00	0.00	0.00
Plowdown credit	0.00	0.00	0.00	0.00
Commercial fertilizer / Other	23,760.00	0.00	0.00	0.00
Dry manure	55,906.09	16,989.05	33,892.78	3,228,030.72
Process wastewater	155,773.38	83,491.54	118,409.79	991,433.57
Fresh water	9,316.89	0.00	0.00	732,403.68
Atmospheric deposition	10,066.00	0.00	0.00	0.00
Total nutrients applied	254,822.35	100,480.59	152,302.57	4,951,867.97
Anticipated crop nutrient removal	306,120.00	52,800.60	242,853.60	0.00
Actual crop nutrient removal	201,574.50	39,974.45	234,739.77	1,154,605.41
Nutrient balance	53,247.85	60,506.14	-82,437.20	3,797,262.56
Applied to removed ratio	1.26	2.51	0.65	4.29

B. POUNDS OF NUTRIENT APPLIED VS. CROP REMOVAL

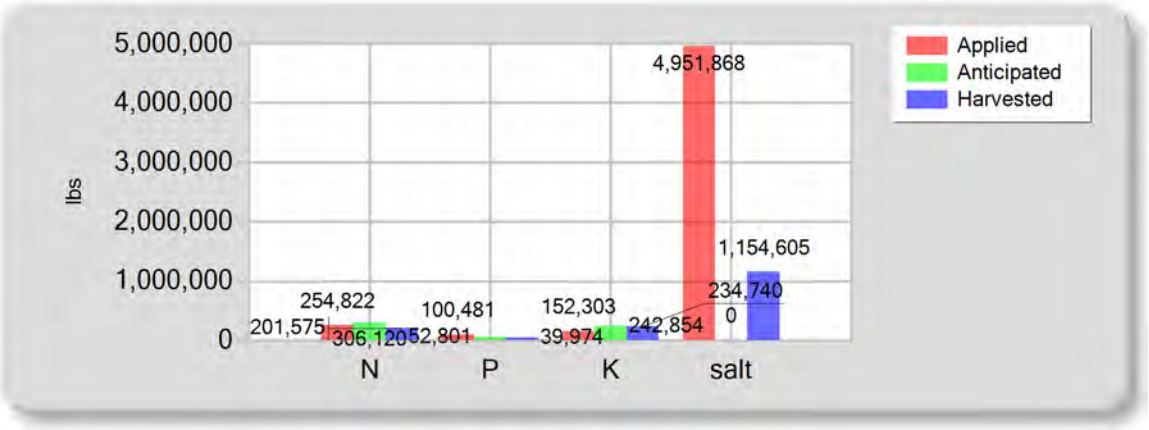

Annual Report - General Order No. R5-2007-0035
Reporting period 01/01/2023 to 12/31/2023.

C. POUNDS OF NUTRIENT APPLIED BY MATERIAL TYPE

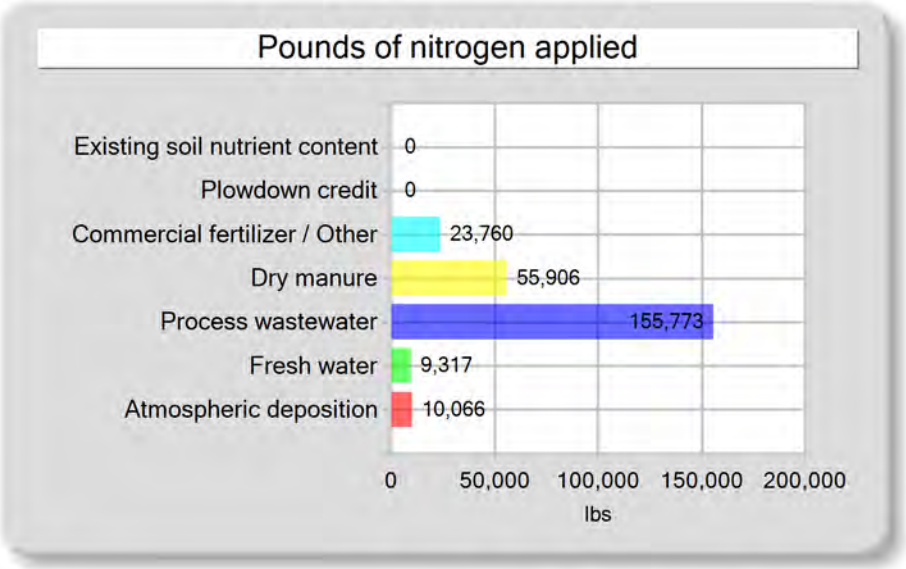

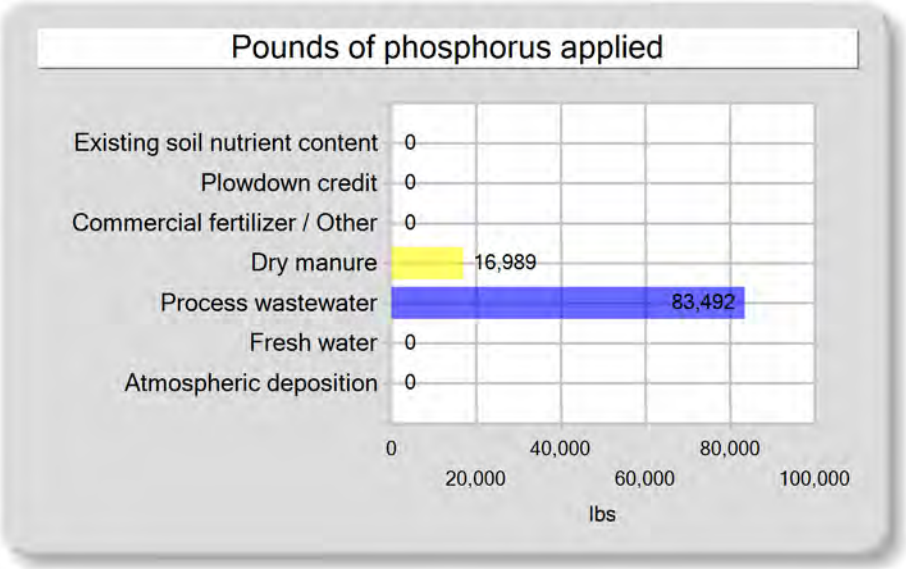

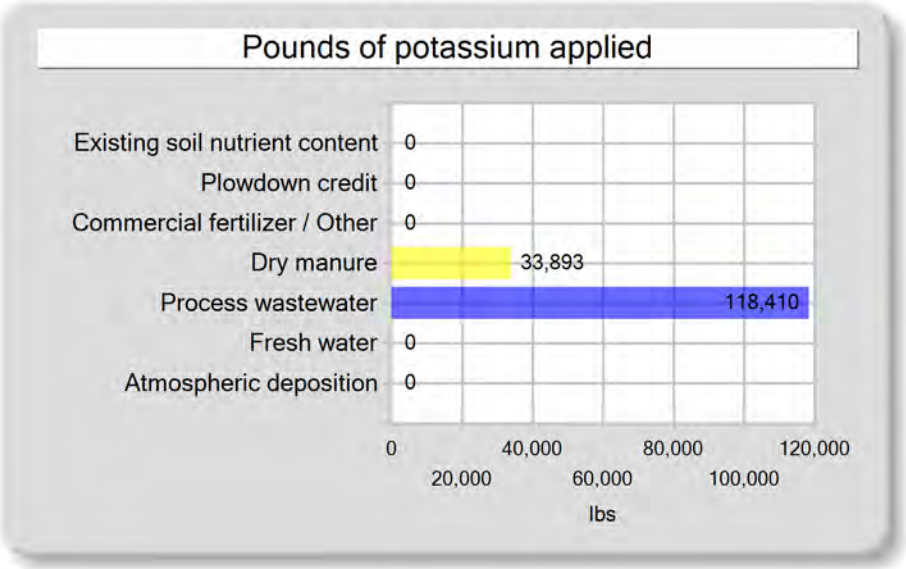

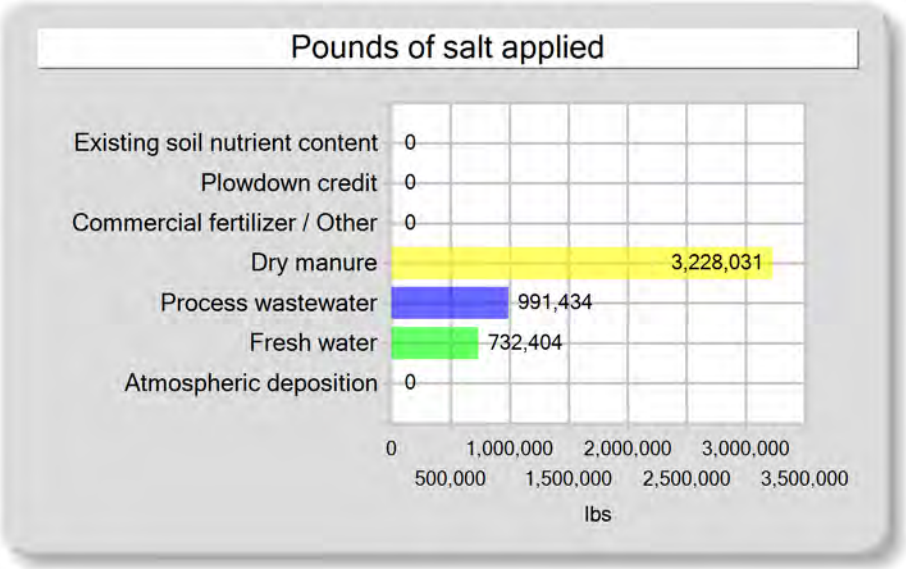

Annual Report - General Order No. R5-2007-0035
Reporting period 01/01/2023 to 12/31/2023.

EXCEPTION REPORTING

A. MANURE, PROCESS WASTEWATER, AND OTHER DAIRY WASTE DISCHARGES

The following is a summary of all manure and process wastewater discharges from the production area to surface water or to land areas (land application areas or otherwise) when not in accordance with the facility's Nutrient Management Plan.

No manure or process wastewater discharges occurred during the reporting period.

B. STORM WATER DISCHARGES

The following is a summary of all storm water discharges from the production area to surface water during the reporting period when not in accordance with the facility 's Nutrient Management Plan.

No stormwater discharges occurred during the reporting period.

C. LAND APPLICATION AREA TO SURFACE WATER DISCHARGES

The following is a summary of all discharges from the land application area to surface water that have occurred during the reporting period when not in accordance with the facility's Nutrient Management Plan.

No land application area to surface water discharges occurred during the reporting period.

NUTRIENT MANAGEMENT PLAN AND EXPORT AGREEMENT STATEMENTS

A. NUTRIENT MANAGEMENT PLAN STATEMENTS

Was the facility's NMP updated in the reporting period?	No
Was the facility's NMP developed by a certified nutrient management planner (specialist) as specified in Attachment C of the General Order?	Yes
Was the facility's NMP approved by a certified nutrient management planner (specialist) as specified in Attachment C of the General Order?	Yes

B. EXPORT AGREEMENT STATEMENT

Are there any written agreements with third parties to receive manure or process wastewater that are new or were revised within the reporting period?	No

Annual Report - General Order No. R5-2007-0035
Reporting period 01/01/2023 to 12/31/2023.

ADDITIONAL NOTES

A. NOTES

Precipitation utilized during winter months to meet forage freshwater requirements.

Irrigation wells IW #10, 19, 30, & 35 were non-operational or not used in 2023. All wells will be sampled once the wells become operational and/or used during the cropping season. Heavy rains during the winter season allowed for a greater amount of surface water allocation to grow crops.

Fields 3 Wheat Hay, 30 Winter Forage, 3 Corn, 20 Corn, 22 Corn, 23, Corn, 24 Corn, 30 Corn, & 34 Corn had lower than anticipated removal rates due to lower than anticipated %N or extremely low tonnage. The low removal rates resulted in a field ratio slightly exceeding target limits, even though application rates did not exceed expected removals.

Fields 1, 2, 5, 7, 8, 9, 11, 15,26, 28, 29, 31, 35, 36, 37 Winter Forage, Da Rocha Wheat Hay, Markarian Wheat Hay, Winter Forage, 30 Winter Forage, 36 Winter Forage, & 1, 2, 6, 9, 12, 13, 14, 19, 21, 25, 31, 32, 36, 37, Da Rocha, Markarian Corn had lower than anticipated removal rates. This was due to lower than expected yields and/or a lower than expected %N. The %N was based on analysis that was derived through a certified laboratory. However, the applications to these fields matched the low removal rates and was able to meet the field ratio threshold of 1.4.

Fields 13 & 14 Corn received no wastewater or solid manure in 2023. All nutrients applied to these fields were contributed through freshwater applications and/or commercial fertilizer only. Producer thought the crop was a complete loss due to poor germination, but crop continued to grow so applied some commercial fertilizer.

Fields 26 was fallow during the summer 2023 cropping season.

Annual Report - General Order No. R5-2007-0035
Reporting period 01/01/2023 to 12/31/2023.

CERTIFICATION

A. OWNER AND/OR OPERATOR CERTIFICATION

I certify under penalty of law that I have personally examined and am familiar with the information submitted in this document and all attachments and that, based on my inquiry of those individuals immediately responsible for obtaining the information, I believe that the information is true, accurate, and complete. I am aware that there are significant penalties for submitting false information, including the possibility of fine and imprisonment.

DocuSigned by: Simon Vander Woude EE6EDE41B4B0426...	DocuSigned by: E64E1074E1E2412...
SIGNATURE OF OWNER OF FACILITY	SIGNATURE OF OPERATOR OF FACILITY
Simon Vander Woude	William Vander Woude
PRINT OR TYPE NAME	PRINT OR TYPE NAME
6/18/2024	6/17/2024
DATE	DATE

Annual Report - General Order No. R5-2007-0035
Reporting period 01/01/2023 to 12/31/2023.

ATTACHMENTS

A. REQUIRED ATTACHMENTS

The following lists the required documents that should be attached to the Annual Report when submitted .

Annual Dairy Facility Assessment
Provide an Annual Dairy Facility Assessment (an update to the Preliminary Dairy Facility Assessment in Attachment A) for each reporting period. On the PDFA Final page, click on the ADFA Report button to generate an ADFA report after updating information as needed .

Manure/Process Wastewater Tracking Manifests
Provide copies of all manure/process wastewater tracking manifests for the reporting period, signed by both the owner/operator and the hauler.

Corrective Actions Documents
Provide records documenting any corrective actions taken to correct deficiencies noted as a result of the inspections required in the Monitoring Requirements of the General Order. Deficiencies not corrected in 30 days must be accompanied by an explanation of the factors preventing immediate correction.

Groundwater Monitoring
Dischargers that monitor supply wells or subsurface (tile) drainage systems, or that have monitoring well systems must submit monitoring results as directed in the General Order, Groundwater Reporting Section starting on page MRP-13.

Storm Water Monitoring
Dischargers that are required to monitor storm water more frequently than required in the General Order must submit monitoring results as directed in the General Order, Storm Water Reporting Section on page MRP-14.

Manure / Process Wastewater Tracking Manifest
For
Existing Milk Cow Dairies

General Order No. R5-2007-0035, Attachment D

INSTRUCTIONS

1) Complete one manifest for each hauling event, for each destination. A hauling event may last for several days, as long as the manure is being hauled to the same destination.
2) If there are multiple destinations, complete a separate form for each destination.
3) The operator must obtain the signature of the hauler upon completion of each manure/process wastewater hauling event.
4) The operator shall submit copies of manure/process wastewater tracking manifest(s) with the Annual Monitoring Report for Existing Milk Cow Dairies.

OPERATOR INFORMATION

Name of Operator: William Vander Woude

Name of Dairy Facility: Grand View Dairy

Facility Address:

Number and Street	City	County	Zip Code
11923 E Childs AVE	Le Grand	Merced	95333

Contact Person Name and Phone Number: William Vander Woude (Name) (209) 631-6136 (Phone Number)

PROCESS WASTEWATER HAULER INFORMATION

Name of Hauling Company/Person: Diamond J Custom Farming, Inc.

Address of Hauling Company/Person:

Number and Street	City	State	Zip Code
602 Sandy Mush RD	Merced	CA	95341

Contact Person: Jonkman Weibren (Name) (209) 564-0870 (Phone Number)

DESTINATION INFORMATION

Composting Facility / Broker / Farmer / Other (identify): Farmer

Contact information of Composting Facility, Broker, Farmer, or Other (as identified above):

Dhillon Ranch (Name) (209) 631-6136 (Phone Number)

Address	City	State	Zip Code
11923 E Childs AVE	Le Grand	CA	95333

Destination Address or Assessor's Parcel Number:

Address	City	Zip Code

Street and nearest cross street (if no address)	County

Assessor's Parcel Number	Assessor's Parcel Number County
0053-0150-0010-0000	Merced

Last date hauled: 08/03/2023

Manure / Process Wastewater Tracking Manifest
For
Existing Milk Cow Dairies

General Order No. R5-2007-0035, Attachment D

PROCESS WASTEWATER AMOUNT HAULED

Enter the amount of process wastewater hauled in gallons and the method used to determine the amount:

Process Wastewater: 801,500 gallons

Method used to determine volume of process wastewater:

Number of loads multiplied by tank volume

WRITTEN AGREEMENT

Does the Operator have a written agreement (in compliance with Land Application Specification C.2 of Waste Discharge Requirements General Order No. R5-2007-0035) with any party that receives process wastewater from the Operator for its own use?

[X] YES [ ] NO

If the answer is no, the Operator agrees to have such a written agreement with any such party for any process wastewater transferred after 31 December 2007 to such party.

_____ (Operator shall provide initials here to acknowledge this requirement)

CERTIFICATION

I declare under penalty of law that I personally examined and am familiar with the information submitted in this document, and that based on my inquiry of those individuals immediately responsible for obtaining the information, I believe that the information is true , accurate, and complete. I am aware that there are significant penalties for submitting false information, including the possibility of a fine and imprisonment for knowing violations.

DocuSigned by:
E64E1074E1E2412

6/17/2024

Operator Signature — Date

DocuSigned by:
Wiebren Jonkman
E64E1074E1E2412

6/17/2024

Hauler Signature — Date

Manure / Process Wastewater Tracking Manifest
For
Existing Milk Cow Dairies

General Order No. R5-2007-0035, Attachment D

INSTRUCTIONS

1) Complete one manifest for each hauling event, for each destination. A hauling event may last for several days, as long as the manure is being hauled to the same destination.
2) If there are multiple destinations, complete a separate form for each destination.
3) The operator must obtain the signature of the hauler upon completion of each manure/process wastewater hauling event.
4) The operator shall submit copies of manure/process wastewater tracking manifest(s) with the Annual Monitoring Report for Existing Milk Cow Dairies.

OPERATOR INFORMATION

Name of Operator: William Vander Woude

Name of Dairy Facility: Grand View Dairy

Facility Address:

Number and Street	City	County	Zip Code
11923 E Childs AVE	Le Grand	Merced	95333

Contact Person Name and Phone Number: William Vander Woude (Name) (209) 631-6136 (Phone Number)

PROCESS WASTEWATER HAULER INFORMATION

Name of Hauling Company/Person: Diamond J Custom Farming, Inc.

Address of Hauling Company/Person:

Number and Street	City	State	Zip Code
602 Sandy Mush RD	Merced	CA	95341

Contact Person: Jonkman Weibren (Name) (209) 564-0870 (Phone Number)

DESTINATION INFORMATION

Composting Facility / Broker / Farmer / Other (identify): Farmer

Contact information of Composting Facility, Broker, Farmer, or Other (as identified above):

Dhillon Ranch (Name) (209) 631-6136 (Phone Number)

Address	City	State	Zip Code
11923 E Childs AVE	Le Grand	CA	95333

Destination Address or Assessor's Parcel Number:

Address	City	Zip Code

Street and nearest cross street (if no address)	County

Assessor's Parcel Number	Assessor's Parcel Number County
0053-0150-0010-0000	Merced

Last date hauled: 08/13/2023

Manure / Process Wastewater Tracking Manifest
For
Existing Milk Cow Dairies

General Order No. R5-2007-0035, Attachment D

PROCESS WASTEWATER AMOUNT HAULED

Enter the amount of process wastewater hauled in gallons and the method used to determine the amount:

Process Wastewater: 10,000,000 gallons

Method used to determine volume of process wastewater:

Number of loads multiplied by tank volume

WRITTEN AGREEMENT

Does the Operator have a written agreement (in compliance with Land Application Specification C.2 of Waste Discharge Requirements General Order No. R5-2007-0035) with any party that receives process wastewater from the Operator for its own use?

[X] YES [ ] NO

If the answer is no, the Operator agrees to have such a written agreement with any such party for any process wastewater transferred after 31 December 2007 to such party.

_____ (Operator shall provide initials here to acknowledge this requirement)

CERTIFICATION

I declare under penalty of law that I personally examined and am familiar with the information submitted in this document, and that based on my inquiry of those individuals immediately responsible for obtaining the information, I believe that the information is true , accurate, and complete. I am aware that there are significant penalties for submitting false information, including the possibility of a fine and imprisonment for knowing violations.

DocuSigned by:
E64E1074F1F2412...

6/17/2024

Operator Signature | Date

DocuSigned by:
Wiebren Jonkman
E64E1074F1F2412...

6/17/2024

Hauler Signature | Date

DocuSign Envelope ID: E9129FF5-EB88-425F-A07A-6C72BCA93E3E

DELLAVALLE™
LABORATORY INC

Agri-Valley Consulting
PO Box 3408
Merced, CA 95344-3408

Account# 00-0003687
Account Manager: House
Submitted By: Agri-Valley Consulting
Ranch: Vander Woude Grand View

Received: 12/13/2023 14:25
Reported: 12/21/2023 09:21

Samples in this Report

Lab ID	Sample	Matrix	Sampled By	Crop	Date Sampled
23L0861-01	SVW GV DW 3	Ag Water	Matt	Water	12/13/2023 12:15
23L0861-02	SVW GV DW 12	Ag Water	Matt	Water	12/13/2023 12:43
23L0861-03	SVW GV DW 15	Ag Water	Matt	Water	12/13/2023 12:22
23L0861-04	SVW GV DW 29	Ag Water	Matt	Water	12/13/2023 12:30
23L0861-05	SVW GV DW 34	Ag Water	Matt	Water	12/13/2023 12:37

Default Cooler Temperature on Receipt °C: 21.6
Containers Intact
COC/Labels Agree

Notes and Definitions

Item	Definition
H	Hold Time Exceeded
MCL	Drinking Water Maximum Contaminant Level
ND	Analyte NOT DETECTED at or above the reporting limit.
NES	Not Enough Sample
*	Not Taken
RPD	Relative Percent Difference
%REC	Percent Recovery
Source	Sample that was matrix spiked or duplicated.

Scott McFriedland

Laboratory Director/Technical Manager

ELAP Certification #1595
A2LA Certification #6440.02

The results in this report apply to the samples as received and were analyzed in accordance with the chain of custody document. This analytical report must be reproduced in its entirety. All results listed in this report are for the exclusive use of the submitting party. Dellavalle Laboratory, Inc. assumes no responsibility for report alteration, separation, detachment or third party interpretation.

DELLAVALLE™ LABORATORY INC

Agri-Valley Consulting
PO Box 3408
Merced, CA 95344-3408

Account# 00-0003687
Account Manager: House
Submitted By: Agri-Valley Consulting
Ranch: Vander Woude Grand View

Received: 12/13/2023 14:25
Reported: 12/21/2023 09:21

Sample Results

Sample: SVW GV DW 3
23L0861-01 (Water)

Sampled: 12/13/2023 12:15
Sampled By: Matt

Analyte	Result	Units	Reporting Limit	DIL	DW MCL	Date/Time Analyzed	Method	Notes	Batch
Alkalinity as CaCO3	**228**	mg/L	10.0	1		12/19/23 12:53	SM 2320 B		BEL0722
Calcium	**49.5**	mg/L	0.1	1		12/18/23 10:58	EPA 200.7		BEL0570
Chloride	**14.7**	mg/L	0.2	1	250	12/14/23 20:11	EPA 300.0		BEL0595
Carbonate as CaCO3	ND	mg/L	1	1		12/19/23 12:53	SM 2320 B		BEL0722
Electrical Conductivity	**0.55**	mmhos/cm	0.01	1		12/19/23 12:53	SM 2510 B		BEL0722
Electrical Conductivity umhos	**553**	umhos/cm	10.0	1		12/19/23 12:53	SM 2510 B		BEL0722
Bicarbonate as CaCO3	**228**	mg/L	5.00	1		12/19/23 12:53	SM 2320 B		BEL0722
Potassium	**1.82**	mg/L	0.500	1		12/18/23 10:58	EPA 200.7		BEL0570
Magnesium	**23.6**	mg/L	0.1	1		12/18/23 10:58	EPA 200.7		BEL0570
Sodium	**41**	mg/L	1	1		12/18/23 10:58	EPA 200.7		BEL0570
Ammonia (as N)	ND	mg/L	0.00	1		12/13/23 12:15	Field		BEL0551
Nitrate Nitrogen as NO3N	**7.0**	mg/L	0.1	1	10	12/14/23 20:11	EPA 300.0		BEL0595
Hydroxide as CaCO3	ND	mg/L	1.00	1		12/19/23 12:53	SM 2320 B		BEL0722
pH	**7.4**	units	1.0	1		12/19/23 12:53	SM 4500-H+	H	BEL0722
Temperature	**25.0**	units	0.0	1		12/19/23 12:53	SM 4500-H+	H	BEL0722
pH, Field Test	**7.5**	units	1.0	1		12/13/23 12:15	Field		BEL0551
Sulfate (SO4)	**17.9**	mg/L	0.5	1	250	12/14/23 20:11	EPA 300.0		BEL0595
Total Filterable Solids (TDS)	**360**	mg/L	10.0	1		12/18/23 14:31	SM 2540 C		BEL0588
Temperature, Field Test F	**68.3**	°F	0.00	1		12/13/23 12:15	Field		BEL0551
Kjeldahl Nitrogen (TKN), Total	ND	mg/L	1.00	1		12/19/23 13:56	SM 4500-NH3 C		BEL0671
Total Nitrogen	**7.38**	mg/L	1.00	1		12/19/23 13:56	SM 4500-NH3 C		BEL0671

The results in this report apply to the samples as received and were analyzed in accordance with the chain of custody document. This analytical report must be reproduced in its entirety. All results listed in this report are for the exclusive use of the submitting party. Dellavalle Laboratory, Inc. assumes no responsibility for report alteration, separation, detachment or third party interpretation.

DELLAVALLE™ LABORATORY INC

Agri-Valley Consulting
PO Box 3408
Merced, CA 95344-3408

Account# 00-0003687
Account Manager: House
Submitted By: Agri-Valley Consulting
Ranch: Vander Woude Grand View

Received: 12/13/2023 14:25
Reported: 12/21/2023 09:21

Sample Results
(Continued)

Sample: SVW GV DW 12
23L0861-02 (Water)

Sampled: 12/13/2023 12:43
Sampled By: Matt

Analyte	Result	Units	Reporting Limit	DIL	DW MCL	Date/Time Analyzed	Method	Notes	Batch
Alkalinity as CaCO3	**255**	mg/L	10.0	1		12/19/23 12:59	SM 2320 B		BEL0722
Calcium	**53.9**	mg/L	0.1	1		12/18/23 10:59	EPA 200.7		BEL0570
Chloride	**7.9**	mg/L	0.2	1	250	12/14/23 20:31	EPA 300.0		BEL0595
Carbonate as CaCO3	ND	mg/L	1	1		12/19/23 12:59	SM 2320 B		BEL0722
Electrical Conductivity	**0.55**	mmhos/cm	0.01	1		12/19/23 12:59	SM 2510 B		BEL0722
Electrical Conductivity umhos	**553**	umhos/cm	10.0	1		12/19/23 12:59	SM 2510 B		BEL0722
Bicarbonate as CaCO3	**255**	mg/L	5.00	1		12/19/23 12:59	SM 2320 B		BEL0722
Potassium	**3.00**	mg/L	0.500	1		12/18/23 10:59	EPA 200.7		BEL0570
Magnesium	**22.1**	mg/L	0.1	1		12/18/23 10:59	EPA 200.7		BEL0570
Sodium	**42**	mg/L	1	1		12/18/23 10:59	EPA 200.7		BEL0570
Ammonia (as N)	ND	mg/L	0.00	1		12/13/23 12:43	Field		BEL0551
Nitrate Nitrogen as NO3N	**2.4**	mg/L	0.1	1	10	12/14/23 20:31	EPA 300.0		BEL0595
Hydroxide as CaCO3	ND	mg/L	1.00	1		12/19/23 12:59	SM 2320 B		BEL0722
pH	**7.5**	units	1.0	1		12/19/23 12:59	SM 4500-H+	H	BEL0722
Temperature	**25.0**	units	0.0	1		12/19/23 12:59	SM 4500-H+	H	BEL0722
pH, Field Test	**7.5**	units	1.0	1		12/13/23 12:43	Field		BEL0551
Sulfate (SO4)	**14.2**	mg/L	0.5	1	250	12/14/23 20:31	EPA 300.0		BEL0595
Total Filterable Solids (TDS)	**345**	mg/L	10.0	1		12/18/23 14:31	SM 2540 C		BEL0588
Temperature, Field Test F	**68.8**	°F	0.00	1		12/13/23 12:43	Field		BEL0551
Kjeldahl Nitrogen (TKN), Total	ND	mg/L	1.00	1		12/19/23 13:57	SM 4500-NH3 C		BEL0671
Total Nitrogen	**2.46**	mg/L	1.00	1		12/19/23 13:57	SM 4500-NH3 C		BEL0671

The results in this report apply to the samples as received and were analyzed in accordance with the chain of custody document. This analytical report must be reproduced in its entirety. All results listed in this report are for the exclusive use of the submitting party. Dellavalle Laboratory, Inc. assumes no responsibility for report alteration, separation, detachment or third party interpretation.

DELLAVALLE™ LABORATORY INC

Agri-Valley Consulting
PO Box 3408
Merced, CA 95344-3408

Account# 00-0003687
Account Manager: House
Submitted By: Agri-Valley Consulting
Ranch: Vander Woude Grand View

Received: 12/13/2023 14:25
Reported: 12/21/2023 09:21

Sample Results
(Continued)

Sample: SVW GV DW 15
23L0861-03 (Water)

Sampled: 12/13/2023 12:22
Sampled By: Matt

Analyte	Result	Units	Reporting Limit	DIL	DW MCL	Date/Time Analyzed	Method	Notes	Batch
Alkalinity as CaCO3	**148**	mg/L	10.0	1		12/19/23 13:06	SM 2320 B		BEL0722
Calcium	**37.8**	mg/L	0.1	1		12/18/23 11:00	EPA 200.7		BEL0570
Chloride	**17.0**	mg/L	0.2	1	250	12/14/23 20:52	EPA 300.0		BEL0595
Carbonate as CaCO3	ND	mg/L	1	1		12/19/23 13:06	SM 2320 B		BEL0722
Electrical Conductivity	**0.43**	mmhos/cm	0.01	1		12/19/23 13:06	SM 2510 B		BEL0722
Electrical Conductivity umhos	**427**	umhos/cm	10.0	1		12/19/23 13:06	SM 2510 B		BEL0722
Bicarbonate as CaCO3	**148**	mg/L	5.00	1		12/19/23 13:06	SM 2320 B		BEL0722
Potassium	**4.21**	mg/L	0.500	1		12/18/23 11:00	EPA 200.7		BEL0570
Magnesium	**10.3**	mg/L	0.1	1		12/18/23 11:00	EPA 200.7		BEL0570
Sodium	**42**	mg/L	1	1		12/18/23 11:00	EPA 200.7		BEL0570
Ammonia (as N)	ND	mg/L	0.00	1		12/13/23 12:22	Field		BEL0551
Nitrate Nitrogen as NO3N	ND	mg/L	0.1	1	10	12/14/23 20:52	EPA 300.0		BEL0595
Hydroxide as CaCO3	ND	mg/L	1.00	1		12/19/23 13:06	SM 2320 B		BEL0722
pH	**7.6**	units	1.0	1		12/19/23 13:06	SM 4500-H+	H	BEL0722
Temperature	**25.0**	units	0.0	1		12/19/23 13:06	SM 4500-H+	H	BEL0722
pH, Field Test	**7.4**	units	1.0	1		12/13/23 12:22	Field		BEL0551
Sulfate (SO4)	**40.1**	mg/L	0.5	1	250	12/14/23 20:52	EPA 300.0		BEL0595
Total Filterable Solids (TDS)	**307**	mg/L	10.0	1		12/18/23 14:31	SM 2540 C		BEL0588
Temperature, Field Test F	**69.4**	°F	0.00	1		12/13/23 12:22	Field		BEL0551
Kjeldahl Nitrogen (TKN), Total	ND	mg/L	1.00	1		12/19/23 13:58	SM 4500-NH3 C		BEL0671
Total Nitrogen	ND	mg/L	1.00	1		12/19/23 13:58	SM 4500-NH3 C		BEL0671

The results in this report apply to the samples as received and were analyzed in accordance with the chain of custody document. This analytical report must be reproduced in its entirety. All results listed in this report are for the exclusive use of the submitting party. Dellavalle Laboratory, Inc. assumes no responsibility for report alteration, separation, detachment or third party interpretation.

DELLAVALLE™ LABORATORY INC

Agri-Valley Consulting
PO Box 3408
Merced, CA 95344-3408

Account# 00-0003687
Account Manager: House
Submitted By: Agri-Valley Consulting
Ranch: Vander Woude Grand View

Received: 12/13/2023 14:25
Reported: 12/21/2023 09:21

Sample Results
(Continued)

Sample: SVW GV DW 29
23L0861-04 (Water)

Sampled: 12/13/2023 12:30
Sampled By: Matt

Analyte	Result	Units	Reporting Limit	DIL	DW MCL	Date/Time Analyzed	Method	Notes	Batch
Alkalinity as CaCO3	**301**	mg/L	10.0	1		12/19/23 13:11	SM 2320 B		BEL0722
Calcium	**77.6**	mg/L	0.1	1		12/18/23 11:01	EPA 200.7		BEL0570
Chloride	**20.1**	mg/L	0.2	1	250	12/14/23 23:35	EPA 300.0		BEL0595
Carbonate as CaCO3	ND	mg/L	1	1		12/19/23 13:11	SM 2320 B		BEL0722
Electrical Conductivity	**0.73**	mmhos/cm	0.01	1		12/19/23 13:11	SM 2510 B		BEL0722
Electrical Conductivity umhos	**726**	umhos/cm	10.0	1		12/19/23 13:11	SM 2510 B		BEL0722
Bicarbonate as CaCO3	**301**	mg/L	5.00	1		12/19/23 13:11	SM 2320 B		BEL0722
Potassium	**8.03**	mg/L	0.500	1		12/18/23 11:01	EPA 200.7		BEL0570
Magnesium	**34.2**	mg/L	0.1	1		12/18/23 11:01	EPA 200.7		BEL0570
Sodium	**35**	mg/L	1	1		12/18/23 11:01	EPA 200.7		BEL0570
Ammonia (as N)	ND	mg/L	0.00	1		12/13/23 12:30	Field		BEL0551
Nitrate Nitrogen as NO3N	**4.6**	mg/L	0.1	1	10	12/14/23 23:35	EPA 300.0		BEL0595
Hydroxide as CaCO3	ND	mg/L	1.00	1		12/19/23 13:11	SM 2320 B		BEL0722
pH	**7.6**	units	1.0	1		12/19/23 13:11	SM 4500-H+	H	BEL0722
Temperature	**25.0**	units	0.0	1		12/19/23 13:11	SM 4500-H+	H	BEL0722
pH, Field Test	**7.3**	units	1.0	1		12/13/23 12:30	Field		BEL0551
Sulfate (SO4)	**35.3**	mg/L	0.5	1	250	12/14/23 23:35	EPA 300.0		BEL0595
Total Filterable Solids (TDS)	**480**	mg/L	10.0	1		12/18/23 14:31	SM 2540 C		BEL0588
Temperature, Field Test F	**68.7**	°F	0.00	1		12/13/23 12:30	Field		BEL0551
Kjeldahl Nitrogen (TKN), Total	ND	mg/L	1.00	1		12/19/23 14:00	SM 4500-NH3 C		BEL0671
Total Nitrogen	**4.83**	mg/L	1.00	1		12/19/23 14:00	SM 4500-NH3 C		BEL0671

The results in this report apply to the samples as received and were analyzed in accordance with the chain of custody document. This analytical report must be reproduced in its entirety. All results listed in this report are for the exclusive use of the submitting party. Dellavalle Laboratory, Inc. assumes no responsibility for report alteration, separation, detachment or third party interpretation.

DELLAVALLE™ LABORATORY INC

Agri-Valley Consulting
PO Box 3408
Merced, CA 95344-3408

Account# 00-0003687
Account Manager: House
Submitted By: Agri-Valley Consulting
Ranch: Vander Woude Grand View

Received: 12/13/2023 14:25
Reported: 12/21/2023 09:21

Sample Results
(Continued)

Sample: SVW GV DW 34
23L0861-05 (Water)

Sampled: 12/13/2023 12:37
Sampled By: Matt

Analyte	Result	Units	Reporting Limit	DIL	DW MCL	Date/Time Analyzed	Method	Notes	Batch
Alkalinity as CaCO3	**279**	mg/L	10.0	1		12/19/23 13:18	SM 2320 B		BEL0722
Calcium	**78.1**	mg/L	0.1	1		12/18/23 11:02	EPA 200.7		BEL0570
Chloride	**39.8**	mg/L	0.2	1	250	12/14/23 23:55	EPA 300.0		BEL0595
Carbonate as CaCO3	ND	mg/L	1	1		12/19/23 13:18	SM 2320 B		BEL0722
Electrical Conductivity	**0.78**	mmhos/cm	0.01	1		12/19/23 13:18	SM 2510 B		BEL0722
Electrical Conductivity umhos	**783**	umhos/cm	10.0	1		12/19/23 13:18	SM 2510 B		BEL0722
Bicarbonate as CaCO3	**279**	mg/L	5.00	1		12/19/23 13:18	SM 2320 B		BEL0722
Potassium	**5.04**	mg/L	0.500	1		12/18/23 11:02	EPA 200.7		BEL0570
Magnesium	**32.6**	mg/L	0.1	1		12/18/23 11:02	EPA 200.7		BEL0570
Sodium	**40**	mg/L	1	1		12/18/23 11:02	EPA 200.7		BEL0570
Ammonia (as N)	ND	mg/L	0.00	1		12/13/23 12:37	Field		BEL0551
Nitrate Nitrogen as NO3N	**11.2**	mg/L	0.1	1	10	12/14/23 23:55	EPA 300.0		BEL0595
Hydroxide as CaCO3	ND	mg/L	1.00	1		12/19/23 13:18	SM 2320 B		BEL0722
pH	**7.6**	units	1.0	1		12/19/23 13:18	SM 4500-H+	H	BEL0722
Temperature	**25.0**	units	0.0	1		12/19/23 13:18	SM 4500-H+	H	BEL0722
pH, Field Test	**7.3**	units	1.0	1		12/13/23 12:37	Field		BEL0551
Sulfate (SO4)	**21.6**	mg/L	0.5	1	250	12/14/23 23:55	EPA 300.0		BEL0595
Total Filterable Solids (TDS)	**510**	mg/L	10.0	1		12/18/23 14:31	SM 2540 C		BEL0588
Temperature, Field Test F	**69.6**	°F	0.00	1		12/13/23 12:37	Field		BEL0551
Kjeldahl Nitrogen (TKN), Total	ND	mg/L	1.00	1		12/19/23 14:01	SM 4500-NH3 C		BEL0671
Total Nitrogen	**11.7**	mg/L	1.00	1		12/19/23 14:01	SM 4500-NH3 C		BEL0671

The results in this report apply to the samples as received and were analyzed in accordance with the chain of custody document. This analytical report must be reproduced in its entirety. All results listed in this report are for the exclusive use of the submitting party. Dellavalle Laboratory, Inc. assumes no responsibility for report alteration, separation, detachment or third party interpretation.

DELLAVALLE™ LABORATORY INC

Agri-Valley Consulting
PO Box 3408
Merced, CA 95344-3408

Account# 00-0003687
Account Manager: House
Submitted By: Agri-Valley Consulting
Ranch: Vander Woude Grand View

Received: 12/13/2023 14:25
Reported: 12/21/2023 09:21

Quality Control

Analyte	Result	Qual	Reporting Limit	Units	Spike Level	Source Result	%REC	%REC Limits	RPD	RPD Limit
Batch: BEL0570										
Blank (BEL0570-BLK1)					Prepared: 12/13/2023	Analyzed: 12/18/2023				
Calcium	0.1		0.1	mg/L						
Sodium	ND		1	mg/L						
Potassium	ND		0.500	mg/L						
Magnesium	ND		0.1	mg/L						
Blank (BEL0570-BLK2)					Prepared: 12/13/2023	Analyzed: 12/18/2023				
Sodium	ND		1	mg/L						
Potassium	ND		0.500	mg/L						
Calcium	ND		0.1	mg/L						
Magnesium	ND		0.1	mg/L						
LCS (BEL0570-BS1)					Prepared: 12/13/2023	Analyzed: 12/18/2023				
Sodium	38		1	mg/L	35.71		107	90-110		
Potassium	37.0		0.500	mg/L	35.71		104	90-110		
Calcium	38.7		0.1	mg/L	35.71		108	90-110		
Magnesium	36.6		0.1	mg/L	35.71		103	90-110		
LCS (BEL0570-BS2)					Prepared: 12/13/2023	Analyzed: 12/18/2023				
Sodium	38		1	mg/L	35.71		105	90-110		
Potassium	37.7		0.500	mg/L	35.71		105	90-110		
Calcium	39.6		0.1	mg/L	35.71		111	90-110		
Magnesium	37.4		0.1	mg/L	35.71		105	90-110		
Duplicate (BEL0570-DUP1)		**Source: 23L0701-03**			Prepared: 12/13/2023	Analyzed: 12/18/2023				
Sodium	446		1	mg/L		450			1.00	15
Potassium	3.86		0.500	mg/L		3.84			0.467	15
Calcium	60.9		0.1	mg/L		61.0			0.197	15
Magnesium	20.3		0.1	mg/L		20.4			0.492	15
Matrix Spike (BEL0570-MS1)		**Source: 23L0701-03**			Prepared: 12/13/2023	Analyzed: 12/18/2023				
Potassium	41.7		0.500	mg/L	35.71	3.84	106	90-110		
Sodium	450		1	mg/L	35.71	450	NR	90-110		
Calcium	96.3		0.1	mg/L	35.71	61.0	98.6	90-110		
Magnesium	54.3		0.1	mg/L	35.71	20.4	95.1	90-110		
Matrix Spike (BEL0570-MS2)		**Source: 23L0877-04**			Prepared: 12/13/2023	Analyzed: 12/18/2023				
Potassium	41.4		0.500	mg/L	35.71	4.33	104	90-110		
Sodium	60		1	mg/L	35.71	25	97.7	90-110		
Calcium	62.2		0.1	mg/L	35.71	23.4	109	90-110		
Magnesium	44.6		0.1	mg/L	35.71	8.5	101	90-110		
Reference (BEL0570-SRM2)					Prepared: 12/13/2023	Analyzed: 12/18/2023				
Potassium	23.7			mg/L	21.90		108	90-110		

The results in this report apply to the samples as received and were analyzed in accordance with the chain of custody document. This analytical report must be reproduced in its entirety. All results listed in this report are for the exclusive use of the submitting party. Dellavalle Laboratory, Inc. assumes no responsibility for report alteration, separation, detachment or third party interpretation.

DELLAVALLE™ LABORATORY INC

Agri-Valley Consulting
PO Box 3408
Merced, CA 95344-3408

Account# 00-0003687
Account Manager: House
Submitted By: Agri-Valley Consulting
Ranch: Vander Woude Grand View

Received: 12/13/2023 14:25
Reported: 12/21/2023 09:21

Quality Control
(Continued)

Analyte	Result	Qual	Reporting Limit	Units	Spike Level	Source Result	%REC	%REC Limits	RPD	RPD Limit
Batch: BEL0570 (Continued)										
Reference (BEL0570-SRM2)					Prepared: 12/13/2023	Analyzed: 12/18/2023				
Sodium	96			mg/L	91.50		105	90-110		
Reference (BEL0570-SRM3)					Prepared: 12/13/2023	Analyzed: 12/18/2023				
Calcium	49.3			mg/L	45.90		107	90-110		
Magnesium	37.1			mg/L	35.60		104	90-110		

The results in this report apply to the samples as received and were analyzed in accordance with the chain of custody document. This analytical report must be reproduced in its entirety. All results listed in this report are for the exclusive use of the submitting party. Dellavalle Laboratory, Inc. assumes no responsibility for report alteration, separation, detachment or third party interpretation.

DELLAVALLE™ LABORATORY INC

Agri-Valley Consulting
PO Box 3408
Merced, CA 95344-3408

Account# 00-0003687
Account Manager: House
Submitted By: Agri-Valley Consulting
Ranch: Vander Woude Grand View

Received: 12/13/2023 14:25
Reported: 12/21/2023 09:21

Quality Control
(Continued)

Analyte	Result	Qual	Reporting Limit	Units	Spike Level	Source Result	%REC	%REC Limits	RPD	RPD Limit
Batch: BEL0588										
Blank (BEL0588-BLK1)					Prepared: 12/14/2023 Analyzed: 12/18/2023					
Total Filterable Solids (TDS)	ND		10.0	mg/L						
LCS (BEL0588-BS1)					Prepared: 12/14/2023 Analyzed: 12/18/2023					
Total Filterable Solids (TDS)	33.8		10.0	mg/L	2000		1.69	0-200		
Duplicate (BEL0588-DUP1)			**Source: 23L0833-01**		Prepared: 12/14/2023 Analyzed: 12/18/2023					
Total Filterable Solids (TDS)	2900		10.0	mg/L		3050			5.04	10
Duplicate (BEL0588-DUP2)			**Source: 23L0881-01**		Prepared: 12/14/2023 Analyzed: 12/18/2023					
Total Filterable Solids (TDS)	530		10.0	mg/L		520			1.90	10
Reference (BEL0588-SRM1)					Prepared: 12/14/2023 Analyzed: 12/18/2023					
Total Filterable Solids (TDS)	400			mg/L	390.0		103	90-110		

The results in this report apply to the samples as received and were analyzed in accordance with the chain of custody document. This analytical report must be reproduced in its entirety. All results listed in this report are for the exclusive use of the submitting party. Dellavalle Laboratory, Inc. assumes no responsibility for report alteration, separation, detachment or third party interpretation.

DELLAVALLE™ LABORATORY INC

Agri-Valley Consulting
PO Box 3408
Merced, CA 95344-3408

Account# 00-0003687
Account Manager: House
Submitted By: Agri-Valley Consulting
Ranch: Vander Woude Grand View

Received: 12/13/2023 14:25
Reported: 12/21/2023 09:21

Quality Control
(Continued)

Analyte	Result	Qual	Reporting Limit	Units	Spike Level	Source Result	%REC	%REC Limits	RPD	RPD Limit
Batch: BEL0595										
Blank (BEL0595-BLK1)					Prepared & Analyzed: 12/14/2023					
Chloride	ND		0.2	mg/L						
Nitrate Nitrogen as NO3N	ND		0.1	mg/L						
Sulfate (SO4)	ND		0.5	mg/L						
Blank (BEL0595-BLK2)					Prepared & Analyzed: 12/14/2023					
Chloride	ND		0.2	mg/L						
Nitrate Nitrogen as NO3N	ND		0.1	mg/L						
Sulfate (SO4)	ND		0.5	mg/L						
Blank (BEL0595-BLK3)					Prepared & Analyzed: 12/15/2023					
Chloride	ND		0.2	mg/L						
Nitrate Nitrogen as NO3N	ND		0.1	mg/L						
Sulfate (SO4)	ND		0.5	mg/L						
Blank (BEL0595-BLK4)					Prepared & Analyzed: 12/15/2023					
Chloride	ND		0.2	mg/L						
Nitrate Nitrogen as NO3N	ND		0.1	mg/L						
Sulfate (SO4)	ND		0.5	mg/L						
Blank (BEL0595-BLK5)					Prepared & Analyzed: 12/15/2023					
Chloride	ND		0.2	mg/L						
Nitrate Nitrogen as NO3N	ND		0.1	mg/L						
Sulfate (SO4)	ND		0.5	mg/L						
LCS (BEL0595-BS1)					Prepared & Analyzed: 12/14/2023					
Chloride	4.7		0.2	mg/L	5.000		94.8	90-110		
Nitrate Nitrogen as NO3N	5.0		0.1	mg/L	5.000		99.1	90-110		
Sulfate (SO4)	4.4		0.5	mg/L	5.000		87.6	90-110		
LCS (BEL0595-BS2)					Prepared & Analyzed: 12/15/2023					
Chloride	4.8		0.2	mg/L	5.000		95.6	90-110		
Nitrate Nitrogen as NO3N	5.0		0.1	mg/L	5.000		99.9	90-110		
Sulfate (SO4)	4.4		0.5	mg/L	5.000		88.3	90-110		
LCS (BEL0595-BS3)					Prepared & Analyzed: 12/15/2023					
Chloride	4.9		0.2	mg/L	5.000		97.5	90-110		
Nitrate Nitrogen as NO3N	5.1		0.1	mg/L	5.000		102	90-110		
Sulfate (SO4)	4.5		0.5	mg/L	5.000		90.1	90-110		
LCS (BEL0595-BS4)					Prepared & Analyzed: 12/15/2023					
Chloride	4.9		0.2	mg/L	5.000		97.0	90-110		
Nitrate Nitrogen as NO3N	5.1		0.1	mg/L	5.000		101	90-110		
Sulfate (SO4)	4.5		0.5	mg/L	5.000		89.1	90-110		

The results in this report apply to the samples as received and were analyzed in accordance with the chain of custody document. This analytical report must be reproduced in its entirety. All results listed in this report are for the exclusive use of the submitting party. Dellavalle Laboratory, Inc. assumes no responsibility for report alteration, separation, detachment or third party interpretation.

DELLAVALLE™ LABORATORY INC

Agri-Valley Consulting
PO Box 3408
Merced, CA 95344-3408

Account# 00-0003687
Account Manager: House
Submitted By: Agri-Valley Consulting
Ranch: Vander Woude Grand View

Received: 12/13/2023 14:25
Reported: 12/21/2023 09:21

Quality Control
(Continued)

Analyte	Result	Qual	Reporting Limit	Units	Spike Level	Source Result	%REC	%REC Limits	RPD	RPD Limit
Batch: BEL0595 (Continued)										
Duplicate (BEL0595-DUP1)			**Source: 23L0848-01**		Prepared & Analyzed: 12/14/2023					
Chloride	2.3		0.2	mg/L		2.4			0.679	10
Nitrate Nitrogen as NO3N	0.6		0.1	mg/L		0.6			0.630	10
Sulfate (SO4)	3.7		0.5	mg/L		3.8			0.721	10
Duplicate (BEL0595-DUP2)			**Source: 23L0877-02**		Prepared & Analyzed: 12/15/2023					
Chloride	24.7		0.2	mg/L		24.6			0.451	10
Nitrate Nitrogen as NO3N	0.08		0.1	mg/L		0.08			1.27	10
Sulfate (SO4)	14.0		0.5	mg/L		14.0			0.279	10
Duplicate (BEL0595-DUP3)			**Source: 23L0909-01**		Prepared & Analyzed: 12/15/2023					
Chloride	4.9		0.2	mg/L		5.0			0.425	10
Nitrate Nitrogen as NO3N	2.4		0.1	mg/L		2.4			0.371	10
Sulfate (SO4)	8.8		0.5	mg/L		8.8			0.329	10
Duplicate (BEL0595-DUP4)			**Source: 23L0963-01**		Prepared & Analyzed: 12/15/2023					
Chloride	33.6		0.2	mg/L		33.8			0.572	10
Nitrate Nitrogen as NO3N	19.5		0.1	mg/L		19.5			0.313	10
Sulfate (SO4)	31.0		0.5	mg/L		31.1			0.299	10
Matrix Spike (BEL0595-MS1)			**Source: 23L0848-01**		Prepared & Analyzed: 12/14/2023					
Chloride	7.6		0.2	mg/L	5.000	2.4	104	90-110		
Nitrate Nitrogen as NO3N	5.9		0.1	mg/L	5.000	0.6	105	90-110		
Sulfate (SO4)	8.9		0.5	mg/L	5.000	3.8	102	90-110		
Matrix Spike (BEL0595-MS2)			**Source: 23L0877-02**		Prepared & Analyzed: 12/15/2023					
Chloride	29.1		0.2	mg/L	5.000	24.6	90.2	90-110		
Nitrate Nitrogen as NO3N	5.3		0.1	mg/L	5.000	0.08	104	90-110		
Sulfate (SO4)	19.1		0.5	mg/L	5.000	14.0	103	90-110		
Matrix Spike (BEL0595-MS3)			**Source: 23L0909-01**		Prepared & Analyzed: 12/15/2023					
Chloride	10.1		0.2	mg/L	5.000	5.0	103	90-110		
Nitrate Nitrogen as NO3N	7.7		0.1	mg/L	5.000	2.4	105	90-110		
Sulfate (SO4)	13.8		0.5	mg/L	5.000	8.8	99.2	90-110		
Matrix Spike (BEL0595-MS4)			**Source: 23L0963-01**		Prepared & Analyzed: 12/15/2023					
Chloride	38.6		0.2	mg/L	5.000	33.8	96.1	90-110		
Nitrate Nitrogen as NO3N	24.7		0.1	mg/L	5.000	19.5	102	90-110		
Sulfate (SO4)	36.2		0.5	mg/L	5.000	31.1	102	90-110		
Reference (BEL0595-SRM1)					Prepared & Analyzed: 12/14/2023					
Chloride	12.8			mg/L	12.50		102	90-110		
Nitrate Nitrogen as NO3N	10.2			mg/L	10.00		102	90-110		

The results in this report apply to the samples as received and were analyzed in accordance with the chain of custody document. This analytical report must be reproduced in its entirety. All results listed in this report are for the exclusive use of the submitting party. Dellavalle Laboratory, Inc. assumes no responsibility for report alteration, separation, detachment or third party interpretation.

DELLAVALLE™ LABORATORY INC

Agri-Valley Consulting
PO Box 3408
Merced, CA 95344-3408

Account# 00-0003687
Account Manager: House
Submitted By: Agri-Valley Consulting
Ranch: Vander Woude Grand View

Received: 12/13/2023 14:25
Reported: 12/21/2023 09:21

Quality Control
(Continued)

Analyte	Result	Qual	Reporting Limit	Units	Spike Level	Source Result	%REC	%REC Limits	RPD	RPD Limit
Batch: BEL0595 (Continued)										
Reference (BEL0595-SRM1)					Prepared & Analyzed: 12/14/2023					
Sulfate (SO4)	9.8			mg/L	10.00		97.8	90-110		
Reference (BEL0595-SRM2)					Prepared & Analyzed: 12/14/2023					
Chloride	12.8			mg/L	12.50		103	90-110		
Nitrate Nitrogen as NO3N	10.2			mg/L	10.00		102	90-110		
Sulfate (SO4)	9.8			mg/L	10.00		98.3	90-110		
Reference (BEL0595-SRM3)					Prepared & Analyzed: 12/15/2023					
Chloride	12.9			mg/L	12.50		103	90-110		
Nitrate Nitrogen as NO3N	10.2			mg/L	10.00		102	90-110		
Sulfate (SO4)	9.9			mg/L	10.00		98.5	90-110		
Reference (BEL0595-SRM4)					Prepared & Analyzed: 12/15/2023					
Chloride	12.9			mg/L	12.50		104	90-110		
Nitrate Nitrogen as NO3N	10.3			mg/L	10.00		103	90-110		
Sulfate (SO4)	9.9			mg/L	10.00		99.1	90-110		
Reference (BEL0595-SRM5)					Prepared & Analyzed: 12/15/2023					
Chloride	12.9			mg/L	12.50		103	90-110		
Nitrate Nitrogen as NO3N	10.3			mg/L	10.00		103	90-110		
Sulfate (SO4)	9.9			mg/L	10.00		99.0	90-110		

The results in this report apply to the samples as received and were analyzed in accordance with the chain of custody document. This analytical report must be reproduced in its entirety. All results listed in this report are for the exclusive use of the submitting party. Dellavalle Laboratory, Inc. assumes no responsibility for report alteration, separation, detachment or third party interpretation.

DELLAVALLE™ LABORATORY INC

Agri-Valley Consulting
PO Box 3408
Merced, CA 95344-3408

Account# 00-0003687
Account Manager: House
Submitted By: Agri-Valley Consulting
Ranch: Vander Woude Grand View

Received: 12/13/2023 14:25
Reported: 12/21/2023 09:21

Quality Control
(Continued)

Analyte	Result	Qual	Reporting Limit	Units	Spike Level	Source Result	%REC	%REC Limits	RPD	RPD Limit
Batch: BEL0671										
Blank (BEL0671-BLK1)					Prepared: 12/18/2023	Analyzed: 12/19/2023				
Kjeldahl Nitrogen (TKN), Total	ND		1.00	mg/L						
Total Nitrogen	ND		1.00	mg/L						
Blank (BEL0671-BLK2)					Prepared: 12/18/2023	Analyzed: 12/19/2023				
Kjeldahl Nitrogen (TKN), Total	ND		1.00	mg/L						
Total Nitrogen	ND		1.00	mg/L						
Blank (BEL0671-BLK3)					Prepared: 12/18/2023	Analyzed: 12/19/2023				
Kjeldahl Nitrogen (TKN), Total	ND		1.00	mg/L						
Total Nitrogen	ND		1.00	mg/L						
LCS (BEL0671-BS1)					Prepared: 12/18/2023	Analyzed: 12/19/2023				
Kjeldahl Nitrogen (TKN), Total	5.61		1.00	mg/L	5.709		98.2	90-110		
LCS (BEL0671-BS2)					Prepared: 12/18/2023	Analyzed: 12/19/2023				
Kjeldahl Nitrogen (TKN), Total	5.27		1.00	mg/L	5.709		92.3	90-110		
Duplicate (BEL0671-DUP1)		**Source: 23L0861-02**			Prepared: 12/18/2023	Analyzed: 12/19/2023				
Kjeldahl Nitrogen (TKN), Total	ND		1.40	mg/L		ND				10
Duplicate (BEL0671-DUP2)		**Source: 23L0959-01**			Prepared: 12/18/2023	Analyzed: 12/19/2023				
Kjeldahl Nitrogen (TKN), Total	161		3.50	mg/L		165			2.29	10
Matrix Spike (BEL0671-MS1)		**Source: 23L0861-02**			Prepared: 12/18/2023	Analyzed: 12/19/2023				
Kjeldahl Nitrogen (TKN), Total	8.08		1.40	mg/L	7.992	ND	101	90-110		
Matrix Spike (BEL0671-MS2)		**Source: 23L0959-01**			Prepared: 12/18/2023	Analyzed: 12/19/2023				
Kjeldahl Nitrogen (TKN), Total	166		3.50	mg/L	9.990	165	4.00	90-110		
Reference (BEL0671-SRM1)					Prepared: 12/18/2023	Analyzed: 12/19/2023				
Kjeldahl Nitrogen (TKN), Total	31.9			mg/L	31.90		99.9	90-110		

The results in this report apply to the samples as received and were analyzed in accordance with the chain of custody document. This analytical report must be reproduced in its entirety. All results listed in this report are for the exclusive use of the submitting party. Dellavalle Laboratory, Inc. assumes no responsibility for report alteration, separation, detachment or third party interpretation.

DELLAVALLE™ LABORATORY INC

Agri-Valley Consulting
PO Box 3408
Merced, CA 95344-3408

Account# 00-0003687
Account Manager: House
Submitted By: Agri-Valley Consulting
Ranch: Vander Woude Grand View

Received: 12/13/2023 14:25
Reported: 12/21/2023 09:21

Quality Control
(Continued)

Analyte	Result	Qual	Reporting Limit	Units	Spike Level	Source Result	%REC	%REC Limits	RPD	RPD Limit
Batch: BEL0722										
Blank (BEL0722-BLK1)					Prepared & Analyzed: 12/19/2023					
pH	5.1		1.0	units						
Carbonate as CaCO3	ND		1	mg/L						
Hydroxide as CaCO3	ND		1.00	mg/L						
Alkalinity as CaCO3	ND		10.0	mg/L						
Electrical Conductivity	ND		0.01	mmhos/cm						
Electrical Conductivity umhos	ND		10.0	umhos/cm						
Bicarbonate as CaCO3	ND		5.00	mg/L						
Temperature	25.0		0.0	units						
Blank (BEL0722-BLK2)					Prepared & Analyzed: 12/19/2023					
pH	5.4		1.0	units						
Electrical Conductivity	ND		0.01	mmhos/cm						
Hydroxide as CaCO3	ND		1.00	mg/L						
Carbonate as CaCO3	ND		1	mg/L						
Alkalinity as CaCO3	ND		10.0	mg/L						
Temperature	25.0		0.0	units						
Bicarbonate as CaCO3	ND		5.00	mg/L						
Electrical Conductivity umhos	ND		10.0	umhos/cm						
Blank (BEL0722-BLK3)					Prepared & Analyzed: 12/19/2023					
Electrical Conductivity	ND		0.01	mmhos/cm						
Alkalinity as CaCO3	ND		10.0	mg/L						
pH	5.5		1.0	units						
Carbonate as CaCO3	ND		1	mg/L						
Hydroxide as CaCO3	ND		1.00	mg/L						
Bicarbonate as CaCO3	ND		5.00	mg/L						
Temperature	25.0		0.0	units						
Electrical Conductivity umhos	ND		10.0	umhos/cm						
Duplicate (BEL0722-DUP1)		**Source: 23L0877-05**			Prepared & Analyzed: 12/19/2023					
Hydroxide as CaCO3	ND		1.00	mg/L		ND				10
Alkalinity as CaCO3	119		10.0	mg/L		120			0.184	10
Carbonate as CaCO3	ND		1	mg/L		ND				10
pH	7.7		1.0	units		7.7			0.520	10
Electrical Conductivity	0.36		0.01	mmhos/cm		0.36			0.0275	10
Electrical Conductivity umhos	363		10.0	umhos/cm		363			0.0275	10
Duplicate (BEL0722-DUP2)		**Source: 23L0909-03**			Prepared & Analyzed: 12/19/2023					
Carbonate as CaCO3	ND		1	mg/L		ND				10
pH	8.0		1.0	units		7.6			4.61	10
Electrical Conductivity	0.31		0.01	mmhos/cm		0.32			3.04	10
Hydroxide as CaCO3	ND		1.00	mg/L		ND				10
Alkalinity as CaCO3	116		10.0	mg/L		107			8.31	10

The results in this report apply to the samples as received and were analyzed in accordance with the chain of custody document. This analytical report must be reproduced in its entirety. All results listed in this report are for the exclusive use of the submitting party. Dellavalle Laboratory, Inc. assumes no responsibility for report alteration, separation, detachment or third party interpretation.

DELLAVALLE™ LABORATORY INC

Agri-Valley Consulting
PO Box 3408
Merced, CA 95344-3408

Account# 00-0003687
Account Manager: House
Submitted By: Agri-Valley Consulting
Ranch: Vander Woude Grand View

Received: 12/13/2023 14:25
Reported: 12/21/2023 09:21

Quality Control
(Continued)

Analyte	Result	Qual	Reporting Limit	Units	Spike Level	Source Result	%REC	%REC Limits	RPD	RPD Limit
Batch: BEL0722 (Continued)										
Duplicate (BEL0722-DUP2)			**Source: 23L0909-03**		Prepared & Analyzed: 12/19/2023					
Electrical Conductivity umhos	311		10.0	umhos/cm		320			3.04	10
Reference (BEL0722-SRM1)					Prepared & Analyzed: 12/19/2023					
Alkalinity as CaCO3	127			mg/L	128.0		99.4	90-110		
Electrical Conductivity	429			umhos/cm	426.0		101	90-110		
Reference (BEL0722-SRM2)					Prepared & Analyzed: 12/19/2023					
Electrical Conductivity	432			umhos/cm	426.0		101	90-110		
Alkalinity as CaCO3	128			mg/L	128.0		99.9	90-110		
Reference (BEL0722-SRM3)					Prepared & Analyzed: 12/19/2023					
Alkalinity as CaCO3	138			mg/L	128.0		108	90-110		
Electrical Conductivity	434			umhos/cm	426.0		102	90-110		
Reference (BEL0722-SRM4)					Prepared & Analyzed: 12/19/2023					
pH	4.0			units	4.000		101	97.5-102.5		
Reference (BEL0722-SRM5)					Prepared & Analyzed: 12/19/2023					
pH	4.0			units	4.000		101	97.5-102.5		
Reference (BEL0722-SRM6)					Prepared & Analyzed: 12/19/2023					
pH	4.0			units	4.000		99.5	97.5-102.5		
Reference (BEL0722-SRM7)					Prepared & Analyzed: 12/19/2023					
pH	7.5			units	7.520		100	67021-101.32		

The results in this report apply to the samples as received and were analyzed in accordance with the chain of custody document. This analytical report must be reproduced in its entirety. All results listed in this report are for the exclusive use of the submitting party. Dellavalle Laboratory, Inc. assumes no responsibility for report alteration, separation, detachment or third party interpretation.

DocuSign Envelope ID: E9129FF5-EB88-425F-A07A-6C72BCA93E3E

12/13/23 14:25 23L0861

DELLAVALLE LABORATORY, INC.

1910 W. McKinley Avenue, Suite 110 • Fresno, CA 93728
www.dellavallelab.com 559 233-6129 · 800 228-9896 · Fax 559 268-8174

No. Samples: 5 No. of Bottles: 5

Purchase Order No	Bill To:	Acct # 3687	Cons # 50

Name: Agri-Valley Consulting
Address: PO Box 3408
City: Merced **State:** CA **Zip:** 95344
Telephone: (209) 722-7665 **Fax:** (209) 722-4370
Email: ckjmorg@aol.com, joe@agrivalleyconsulting.com, matt@agrivalleyconsulting.com,
COPY TO: giuliana@agrivalleyconsulting.com, steve@agrivalleyconsulting.com, kyle@agrivalleyconsulting.com, kaleb@agrivalleyconsulting.com, chase@agrivalleyconsulting.com, delia@agrivalleyconsulting.com, tammy@agrivalleyconsulting.com, osbaldo@agrivalleyconsulting.com

REQUESTED BY: Agri-Valley Consulting
PROJECT: Vander Woude Grand View
CROP:

[X] QA/QC Document [X] Copy of Chain

Sampled By: Matt

Water Type [ ] Drinking Water [ ] Wastewater
[X] Ag Water [ ] Groundwater [ ] Montioring Well

Other:

Analysis and Bottles Required: (Please indicate Analysis)

( ) DWW1: EC,NO_3-N,TDS,TKN,TN *NH_4-N Field Test
(1-1 Liter Plastic, Unpreserved) White Per Sample
(X) DWW2: DWW1 Plus SO_4,CO_3,HCO_3,Cl,Ca,Mg,Na
(1-1 Liter Plastic, Unpreserved) White Per Sample
( ) DCW1: EC,NO_3-N,TKN,TN,TDS, *NH_4-N Field Test
(1-1 Liter Plastic, Unpreserved) White Per Sample
( ) DPW1: EC,NO_3-N,NH_4-N,TKN,TDS,TP,TK
(1-1 Liter Plastic, Unpreserved) White Per Sample
( ) DPW2: DPW1 Plus Ca,Mg,Na,HCO_3,CO_3,SO_4,Cl
(1-1 Liter Plastic, Unpreserved) White Per Sample
( ) AG SUITABILITY
( ) Other
* If field NH_4-N detected Run NH_4-N, UnNH_4-N
***NEED FIELD TEMP & Ph for UnNH_4-N

	DESCRIPTION OF SAMPLE	Field pH	Field Temp	Date Sampled	Time Sampled	Rec'd Temp °C	Field NH_4-N
1	SVW GV DW 3	7.5	68.3	12/13/2023	12:15	21.6	0
2	SVW GV DW 12	7.5	68.8	12/13/2023	12:43	20.6	0
3	SVW GV DW 15	7.4	69.4	12/13/2023	12:22	21.2	0
4	SVW GV DW 29	7.3	68.7	12/13/2023	12:30	21.1	0
5	SVW GV DW 34	7.3	69.6	12/13/2023	12:37	20.9	0
6							
7							
8							
9							
10							

IR Thermometer SN: 200560723
Correction Factor: 0°C
Calibration Due: 03/06/2024
Location: Laboratory

Sample(s) Out of Temperature Compliance
Proceed [ ] Yes [ ] No
Approved by: _____ (Client)
Initial and Date: _____ (DLI)

CHAIN OF CUSTODY

Carrier	Signature	Company	Received (Date/Time)	Relinquished (Date/Time)
First		Agri-Valley Consulting		12/13/2023 1:00
Second		Agri-Valley Consulting	12/13/2023 1:00	12/13/23 2:30
Third				
Fourth		DCI	12.13.23 14:25	

I guarantee that as the client, or on behalf of client named, I have the authority to contract the above requested services. Should it be found that I do not have such authority, I agree to be personally liable for all costs and, if there should be action against me for this breach, reasonable attorneys' fees. It is understood that payment is expected to be cash with samples unless terms have been previously arranged.

Terms are net 30 days; overdue accounts will be charged a liquidated damage fee of 2% per month (annually 24%) or $5.00 per month whichever is greater.

If payment is not made when due and a legitimate dispute exists concerning the product or services of Dellavalle Laboratory, Inc., it will be submitted to mediation under the Rules and Procedures of Creative Alternative to Litigation, Inc. (*cal*). If the dispute is not resolved in mediation, then the dispute will be submitted to binding arbitration through *cal* under its Rules and Procedures. The parties will equally bear the costs of mediation/arbitration. If, however, the mediator declares that no legitimate dispute exists, then debtor will pay all mediation and arbitration costs, and in the event of arbitration, reasonable attorneys' fees of Dellavalle Laboratory.

DocuSign Envelope ID: E9129FF5-EB88-425F-A07A-6C72BCA93E3E

12/13/23 14:25 23L0861

pH Strips
Lot: 10BDH4501 Exp: Jan 2025

Shipping Information: Shipped In ☐ Picked-Up ☐ Walk In ☑ DLI Sampler ☐ Other ☐ _____

☐ Samples refridgerated before pick up ☐ Picked up samples placed in Ice chest

Container: Ice Chest ☐ Box ☐ None ☑ **Refrigerant:** Wet Ice ☐ Blue Ice ☐ None ☑

Samples Preserved with HNO_3 or H_2SO_4 were: ☐ Received Preserved ☐ Preserved Upon Receipt at Laboratory

	Type of Container(s) Received	Sample Number 1	2	3	4	5	6	7	8	9	10
	Sample Containers for Internal (DLI) Use *(Containers that go into the Lab)*										
Plastics	100 mL sterile plastic $Na_2S_2O_3$ (Green)										
Plastics	250 mL unpreserved (White) Plastic										
Plastics	250 mL HNO_3 (Red) Plastic										
Plastics	* pH Value										
Plastics	250 mL H_2SO_4 (Yellow) Plastic	1	1	1	1	1					
Plastics	* pH Value	<2	<2	<2	<2	<2					
Plastics	500 mL unpreserved (White) Plastic										
Plastics	1 L unpreserved (White) Plastic	1	1	1	1	1					
Plastics	1 L unpreserved (BOD) (Purple) Plastic										
Special	500mL unpreserved (White) Glass										
Special	PO4-P Kit										
Special	**Other:**										
	Sample Containers for Subcontracted ("Send Out") Analyses *(Containers that go in the Subcontract ("Send Out") Refrigerator)*										
Plastics	100 mL sterile plastic $Na_2S_2O_3$ (Green)										
Plastics	250 mL unpreserved (White) Plastic										
Plastics	250 mL HNO_3 (Red) Plastic										
Plastics	250 mL H_2SO_4 (Yellow) Plastic										
Plastics	500 mL HNO_3 (Red)										
Plastics	1 L unpreserved (White) Plastic										
Plastics	1 L unpreserved (BOD) (Purple) Plastic										
Plastics	1 L HNO_3 (Red)										
VOA Vials	40 mL VOA, $Na_2S_2O_3$ + MCAA (EPA531)										
VOA Vials	40 mL VOA, $Na_2S_2O_3$ (EPA547)										
VOA Vials	40mL AG VOA unpreserved (White) (Set of 3)										
VOA Vials	40 mL AG VOA, $Na_2S_2O_3$ (Green) (Set of 3)										
VOA Vials	40mL VOA, H_3PO_4 (Set of 3)										
VOA Vials	40 mL VOA, HCl (Blue) (Set of 3)										
VOA Vials	40 mL VOA, $Na_2S_2O_3$ (Green) (Set of 3)										
Glass	250 mL AG unpreserved (White)										
Glass	250 mL AG H_2SO_4 (Yellow)										
Glass	250 mL AG $Na_2S_2O_3$ (Green)										
Glass	250 mL AG $Na_2S_2O_3$ + MCAA										
Glass	500 mL glass unpreserved (White)										
Glass	500 mL AG HCl (Blue)										
Glass	1 L AG unpreserved (White)										
Glass	1 L AG H_2SO_4 (Yellow)										
Glass	1 L AG $Na_2S_2O_3$ (Green)										
Glass	1 L AG HCl (Blue)										
Special	Cr^{6+} - 50mL Plastic w/Borate/HCO_3/CO_3										
Special	Cyanide - 500 mL NaOH										
Special	Asbestos - 1L P wrapped in foil (Set of 2)										
Special	Sulfide - 1 L **AG** or **P** NaOH + ZnAc										
Special	Chlorite/Bromate - 250 mL AG with EDA										
Special	HAA5 - 250mL AG Ammonium Chlorite										
Special	DO KIT										
Special	**Other:**										
Special	**Other:**										

SEND OUT

DocuSign Envelope ID: E9129FF5-EB88-425F-A07A-6C72BCA93E3E

DELLAVALLE™
LABORATORY INC

Agri-Valley Consulting
PO Box 3408
Merced, CA 95344-3408

Account# 00-0003687
Account Manager: House
Submitted By: Agri-Valley Consulting
Ranch: Vander Woude Grand View

Received: 04/27/2023 16:00
Reported: 05/16/2023 10:39

Samples in this Report

Lab ID	Sample	Matrix	Sampled By	Crop	Date Sampled
23D1634-01	SVW GV Canal E	Ag Water	Chase		04/27/2023 8:15

Default Cooler Temperature on Receipt °C: 23.8
Containers Intact
COC/Labels Agree

Notes and Definitions

Item	Definition
MCL	Drinking Water Maximum Contaminant Level
ND	Analyte NOT DETECTED at or above the reporting limit.
NES	Not Enough Sample
*	Not Taken

Scott McFriedland

Laboratory Director/Technical Manager

ELAP Certification #1595
A2LA Certification #6440.02

The results in this report apply to the samples as received and were analyzed in accordance with the chain of custody document. This analytical report must be reproduced in its entirety. All results listed in this report are for the exclusive use of the submitting party. Dellavalle Laboratory, Inc. assumes no responsibility for report alteration, separation, detachment or third party interpretation.

DocuSign Envelope ID: E9129FF5-EB88-425F-A07A-6C72BCA93E3E

DELLAVALLE™ LABORATORY INC

Agri-Valley Consulting
PO Box 3408
Merced, CA 95344-3408

Account# 00-0003687
Account Manager: House
Submitted By: Agri-Valley Consulting
Ranch: Vander Woude Grand View

Received: 04/27/2023 16:00
Reported: 05/16/2023 10:39

Sample Results

Sample: SVW GV Canal E
23D1634-01 (Water)

Sampled: 4/27/2023 8:15
Sampled By: Chase

Analyte	Result	Units	Reporting Limit	DIL	DW MCL	Date/Time Analyzed	Method	Notes	Batch
Electrical Conductivity	**0.06**	mmhos/cm	0.01	1		04/28/23 14:26	SM 2510 B		BED0931
Electrical Conductivity umhos	**64.9**	umhos/cm	10.0	1		04/28/23 14:26	SM 2510 B		BED0931
Total Filterable Solids (TDS)	**74.0**	mg/L	10.0	1		05/15/23 12:54	SM 2540 C		BED0959
Total Nitrogen	ND	mg/L	1.00	1		05/03/23 09:56	SM 4500-NH3 C		BEE0036

The results in this report apply to the samples as received and were analyzed in accordance with the chain of custody document. This analytical report must be reproduced in its entirety. All results listed in this report are for the exclusive use of the submitting party. Dellavalle Laboratory, Inc. assumes no responsibility for report alteration, separation, detachment or third party interpretation.

DELLAVALLE™ LABORATORY INC

Agri-Valley Consulting
PO Box 3408
Merced, CA 95344-3408

Account# 00-0003687
Account Manager: House
Submitted By: Agri-Valley Consulting
Ranch: Vander Woude Grand View

Received: 04/27/2023 16:00
Reported: 05/16/2023 10:39

Quality Control

Analyte	Result	Qual	Reporting Limit	Units	Spike Level	Source Result	%REC	%REC Limits	RPD	RPD Limit
Batch: BED0931										
Blank (BED0931-BLK1)					Prepared & Analyzed: 4/28/2023					
Electrical Conductivity	ND		0.01	mmhos/cm						
Electrical Conductivity umhos	ND		10.0	umhos/cm						
Blank (BED0931-BLK2)					Prepared & Analyzed: 4/28/2023					
Electrical Conductivity	ND		0.01	mmhos/cm						
Electrical Conductivity umhos	ND		10.0	umhos/cm						
Blank (BED0931-BLK3)					Prepared & Analyzed: 4/28/2023					
Electrical Conductivity	ND		0.01	mmhos/cm						
Electrical Conductivity umhos	ND		10.0	umhos/cm						
Duplicate (BED0931-DUP1)		**Source: 23D1615-01**			Prepared & Analyzed: 4/28/2023					
Electrical Conductivity	0.11		0.01	mmhos/cm		0.11			0.360	10
Electrical Conductivity umhos	111		10.0	umhos/cm		111			0.360	10
Duplicate (BED0931-DUP2)		**Source: 23D1644-01**			Prepared & Analyzed: 4/28/2023					
Electrical Conductivity	0.51		0.01	mmhos/cm		0.51			0.195	10
Electrical Conductivity umhos	513		10.0	umhos/cm		514			0.195	10
Reference (BED0931-SRM1)					Prepared & Analyzed: 4/28/2023					
Electrical Conductivity	560			umhos/cm	538.0		104	90-110		
Reference (BED0931-SRM2)					Prepared & Analyzed: 4/28/2023					
Electrical Conductivity	565			umhos/cm	538.0		105	90-110		
Reference (BED0931-SRM3)					Prepared & Analyzed: 4/28/2023					
Electrical Conductivity	563			umhos/cm	538.0		105	90-110		

The results in this report apply to the samples as received and were analyzed in accordance with the chain of custody document. This analytical report must be reproduced in its entirety. All results listed in this report are for the exclusive use of the submitting party. Dellavalle Laboratory, Inc. assumes no responsibility for report alteration, separation, detachment or third party interpretation.

DELLAVALLE™ LABORATORY INC

Agri-Valley Consulting
PO Box 3408
Merced, CA 95344-3408

Account# 00-0003687
Account Manager: House
Submitted By: Agri-Valley Consulting
Ranch: Vander Woude Grand View

Received: 04/27/2023 16:00
Reported: 05/16/2023 10:39

Quality Control
(Continued)

Analyte	Result	Qual	Reporting Limit	Units	Spike Level	Source Result	%REC	%REC Limits	RPD	RPD Limit
Batch: BED0959										
Blank (BED0959-BLK1)					Prepared: 5/9/2023	Analyzed: 5/15/2023				
Total Filterable Solids (TDS)	ND		10.0	mg/L						
LCS (BED0959-BS1)					Prepared: 5/9/2023	Analyzed: 5/15/2023				
Total Filterable Solids (TDS)	23.8		10.0	mg/L	2000		1.19	0-200		
Duplicate (BED0959-DUP1)		**Source: 23D1631-01**			Prepared: 5/9/2023	Analyzed: 5/15/2023				
Total Filterable Solids (TDS)	4020		10.0	mg/L		3980			1.00	5
Reference (BED0959-SRM1)					Prepared: 5/9/2023	Analyzed: 5/15/2023				
Total Filterable Solids (TDS)	313			mg/L	325.0		96.4	90-110		

The results in this report apply to the samples as received and were analyzed in accordance with the chain of custody document. This analytical report must be reproduced in its entirety. All results listed in this report are for the exclusive use of the submitting party. Dellavalle Laboratory, Inc. assumes no responsibility for report alteration, separation, detachment or third party interpretation.

DELLAVALLE™ LABORATORY INC

Agri-Valley Consulting
PO Box 3408
Merced, CA 95344-3408

Account# 00-0003687
Account Manager: House
Submitted By: Agri-Valley Consulting
Ranch: Vander Woude Grand View

Received: 04/27/2023 16:00
Reported: 05/16/2023 10:39

Quality Control
(Continued)

Analyte	Result	Qual	Reporting Limit	Units	Spike Level	Source Result	%REC	%REC Limits	RPD	RPD Limit
Batch: BEE0036										
Blank (BEE0036-BLK1)					Prepared: 5/2/2023	Analyzed: 5/3/2023				
Total Nitrogen	ND		1.00	mg/L						
Blank (BEE0036-BLK2)					Prepared: 5/2/2023	Analyzed: 5/3/2023				
Total Nitrogen	ND		1.00	mg/L						
Blank (BEE0036-BLK3)					Prepared: 5/2/2023	Analyzed: 5/3/2023				
Total Nitrogen	ND		1.00	mg/L						

The results in this report apply to the samples as received and were analyzed in accordance with the chain of custody document. This analytical report must be reproduced in its entirety. All results listed in this report are for the exclusive use of the submitting party. Dellavalle Laboratory, Inc. assumes no responsibility for report alteration, separation, detachment or third party interpretation.

DocuSign Envelope ID: E9129FF5-EB88-425F-A07A-6C72BCA93E3E

04/27/23 16:00 23D1634

DELLAVALLE LABORATORY, INC.

1910 W. McKinley Avenue, Suite 110 • Fresno, CA 93728
www.dellavallelab.com 559 233-6129 · 800 228-9896 · Fax 559 268-8174

No. Samples: 1 No. of Bottles: 1

Purchase Order No | Bill To: Acct # 3687 | Cons # 50

Name: Agri-Valley Consulting
Address: PO Box 3408
City: Merced **State:** CA **Zip:** 95344
Telephone: (209) 722-7665 **Fax:** (209) 722-4370
Email: ckjmorg@aol.com, joe@agrivalleyconsulting.com, matt@agrivalleyconsulting.com,
COPY TO: giuliana@agrivalleyconsulting.com, steve@agrivalleyconsulting.com, kyle@agrivalleyconsulting.com, kaleb@agrivalleyconsulting.com, chase@agrivalleyconsulting.com, delia@agrivalleyconsulting.com, tammy@agrivalleyconsulting.com, osbaldo@agrivalleyconsulting.com

REQUESTED BY: Agri-Valley Consulting
PROJECT: Vander Woude Grand View
CROP:

[X] QA/QC Document [X] Copy of Chain

Sampled By: Chase

Water Type [ ] Drinking Water [ ] Wastewater
[X] Ag Water [ ] Groundwater [ ] Montioring Well

Other:

Analysis and Bottles Required: (Please indicate Analysis)

( ) DWW1: EC,NO_3-N,TDS,TKN,TN ***NH_4-N Field Test**
(1-1 Liter Plastic, Unpreserved) White Per Sample
( ) DWW2: DWW1 Plus SO_4,CO_3,HCO_3,Cl,Ca,Mg,Na
(1-1 Liter Plastic, Unpreserved) White Per Sample
( ) DCW1: EC,NO_3-N,TKN,TN,TDS,***NH_4-N Field Test**
(1-1 Liter Plastic, Unpreserved) White Per Sample
( ) DPW1: EC,NO_3-N,NH_4-N,TKN,TDS,TP,TK
(1-1 Liter Plastic, Unpreserved) White Per Sample
( ) DPW2: DPW1 Plus Ca,Mg,Na,HCO_3,CO_3,SO_4,Cl
(1-1 Liter Plastic, Unpreserved) White Per Sample
( ) AG SUITABILITY
(X) **Other: TOTAL N, EC, TDS**

* If field NH_4-N detected Run NH_4-N, UnNH_4-N
***NEED FIELD TEMP & Ph for UnNH_4-N

	DESCRIPTION OF SAMPLE	Field pH	Field Temp	Date Sampled	Time Sampled	Rec'd Temp °C	Field NH_4-N
1	SVW GV Canal E			4/27/2023	8:15	23.8	
2							
3							
4							
5							
6							
7							
8							
9							
10							

Out of Temperature Compliance
Proceed: [X] Yes [ ] No
Approved By: CC (Client)
Initial and Date: _____ (DLI)

CHAIN OF CUSTODY

Carrier	Signature	Company	Received (Date/Time)	Relinquished (Date/Time)
First		Agri-Valley Consulting		4/27/23 4:00
Second		Agri-Valley Consulting		
Third				
Fourth	JD	DLL	4/27/23 16:00	

I guarantee that as the client, or on behalf of client named, I have the authority to contract the above requested services. Should it be found that I do not have such authority, I agree to be personally liable for all costs and, if there should be action against me for this breach, reasonable attorneys' fees. It is understood that payment is expected to be cash with samples unless terms have been previously arranged. Terms are net 30 days; overdue accounts will be charged a liquidated damage fee of 2% per month (annually 24%) or $5.00 per month whichever is greater.

If payment is not made when due and a legitimate dispute exists concerning the product or services of Dellavalle Laboratory, Inc., it will be submitted to mediation under the Rules and Procedures of Creative Alternative to Litigation, Inc. (*cal*). If the dispute is not resolved in mediation, then the dispute will be submitted to binding arbitration through *cal* under its Rules and Procedures. The parties will equally bear the costs of mediation/arbitration. If, however, the mediator declares that no legitimate dispute exists, then debtor will pay all mediation and arbitration costs, and in the event of arbitration, reasonable attorneys' fees of Dellavalle Laboratory.

DocuSign Envelope ID: E9129FF5-EB88-425F-A07A-6C72BCA93E3E

04/27/23 16:00 23D1634

Shipping Information: Shipped In ☐ Picked-Up ☐ Walk In ☑ DLI Sampler ☐ Other ☐ _____

☐ Samples refridgerated before pick up ☐ Picked up samples placed in Ice chest

Container: Ice Chest ☐ Box ☐ None ☑ **Refrigerant:** Wet Ice ☐ Blue Ice ☐ None ☑

Samples Preserved with HNO_3 or H_2SO_4 were: ☐ Received Preserved ☐ Preserved Upon Receipt at Laboratory

	Type of Container(s) Received	Sample Number 1	2	3	4	5	6	7	8	9	10
	Sample Containers for Internal (DLI) Use *(Containers that go into the Lab)*										
Plastics	100 mL sterile plastic $Na_2S_2O_3$ (Green)										
Plastics	250 mL unpreserved (White) Plastic										
Plastics	250 mL HNO_3 (Red) Plastic										
Plastics	* pH Value										
Plastics	250 mL H_2SO_4 (Yellow) Plastic	✓									
Plastics	* pH Value	<2									
Plastics	500 mL unpreserved (White) Plastic										
Plastics	1 L unpreserved (White) Plastic	✓									
Plastics	1 L unpreserved (BOD) (Purple) Plastic										
Special	500mL unpreserved (White) Glass										
Special	PO4-P Kit										
Special	**Other:**										
	Sample Containers for Subcontracted ("Send Out") Analyses *(Containers that go in the Subcontract ("Send Out") Refrigerator)*										
Plastics	100 mL sterile plastic $Na_2S_2O_3$ (Green)										
Plastics	250 mL unpreserved (White) Plastic										
Plastics	250 mL HNO_3 (Red) Plastic										
Plastics	250 mL H_2SO_4 (Yellow) Plastic										
Plastics	500 mL HNO_3 (Red)										
Plastics	1 L unpreserved (White) Plastic										
Plastics	1 L unpreserved (BOD) (Purple) Plastic										
Plastics	1 L HNO_3 (Red)										
VOA Vials	40 mL VOA, $Na_2S_2O_3$ + MCAA (EPA531)										
VOA Vials	40 mL VOA, $Na_2S_2O_3$ (EPA547)										
VOA Vials	40mL AG VOA unpreserved (White) (Set of 3)										
VOA Vials	40 mL AG VOA, $Na_2S_2O_3$ (Green) (Set of 3)										
VOA Vials	40mL VOA, H_3PO_4 (Set of 3)										
VOA Vials	40 mL VOA, HCl (Blue) (Set of 3)										
VOA Vials	40 mL VOA, $Na_2S_2O_3$ (Green) (Set of 3)										
Glass	250 mL AG unpreserved (White)										
Glass	250 mL AG H_2SO_4 (Yellow)										
Glass	250 mL AG $Na_2S_2O_3$ (Green)										
Glass	250 mL AG $Na_2S_2O_3$ + MCAA										
Glass	500 mL glass unpreserved (White)										
Glass	500 mL AG HCl (Blue)										
Glass	1 L AG unpreserved (White)										
Glass	1 L AG H_2SO_4 (Yellow)										
Glass	1 L AG $Na_2S_2O_3$ (Green)										
Glass	1 L AG HCl (Blue)										
Special	Cr^{6+} - 50mL Plastic w/Borate/HCO_3/CO_3										
Special	Cyanide - 500 mL NaOH										
Special	Asbestos - 1L P wrapped in foil (Set of 2)										
Special	Sulfide - 1 L **AG** or **P** NaOH + ZnAc										
Special	Chlorite/Bromate - 250 mL AG with EDA										
Special	HAA5 - 250mL AG Ammonium Chlorite										
Special	DO KIT										
Special	**Other:**										
Special	**Other:**										

DRAFT
SEND OUT

DocuSign Envelope ID: E9129FF5-EB88-425F-A07A-6C72BCA93E3E

DELLAVALLE™ LABORATORY INC

Agri-Valley Consulting
PO Box 3408
Merced, CA 95344-3408

Account# 00-0003687
Account Manager: House
Submitted By: Agri-Valley Consulting
Ranch: Vander Woude Grand View

Received: 09/28/2023 14:33
Reported: 10/06/2023 09:48

Samples in this Report

Lab ID	Sample	Matrix	Sampled By	Crop	Date Sampled
23I1837-01	Vander Woude Grand View DOM Well 1	Ag Water	Chase		09/28/2023 9:00
23I1837-02	Vander Woude Grand View DOM Well 2	Ag Water	Chase		09/28/2023 9:15
23I1837-03	Vander Woude Grand View DOM Well 3	Ag Water	Chase		09/28/2023 9:20
23I1837-04	Vander Woude Grand View DOM Well 4	Ag Water	Chase		09/28/2023 9:30
23I1837-05	Vander Woude Grand View DOM Well 6	Ag Water	Chase		09/28/2023 9:45
23I1837-06	Vander Woude Grand View DOM Well 8	Ag Water	Chase		09/28/2023 9:50

Default Cooler Temperature on Receipt °C: 21.6
Containers Intact
COC/Labels Agree

Notes and Definitions

Item	Definition
H	Hold Time Exceeded
MCL	Drinking Water Maximum Contaminant Level
ND	Analyte NOT DETECTED at or above the reporting limit.
NES	Not Enough Sample
*	Not Taken
RPD	Relative Percent Difference
%REC	Percent Recovery
Source	Sample that was matrix spiked or duplicated.

Scott McFriedland

Laboratory Director/Technical Manager

ELAP Certification #1595
A2LA Certification #6440.02

The results in this report apply to the samples as received and were analyzed in accordance with the chain of custody document. This analytical report must be reproduced in its entirety. All results listed in this report are for the exclusive use of the submitting party. Dellavalle Laboratory, Inc. assumes no responsibility for report alteration, separation, detachment or third party interpretation.

DocuSign Envelope ID: E9129FF5-EB88-425F-A07A-6C72BCA93E3E

DELLAVALLE™ LABORATORY INC

Agri-Valley Consulting
PO Box 3408
Merced, CA 95344-3408

Account# 00-0003687
Account Manager: House
Submitted By: Agri-Valley Consulting
Ranch: Vander Woude Grand View

Received: 09/28/2023 14:33
Reported: 10/06/2023 09:48

Sample Results

Sample: Vander Woude Grand View DOM Well 1
23I1837-01 (Water)

Sampled: 9/28/2023 9:00
Sampled By: Chase

Analyte	Result	Units	Reporting Limit	DIL	DW MCL	Date/Time Analyzed	Method	Notes	Batch
Electrical Conductivity	**1.66**	mmhos/cm	0.01	1		09/29/23 14:12	SM 2510 B		BEI1079
Electrical Conductivity umhos	**1660**	umhos/cm	10.0	1		09/29/23 14:12	SM 2510 B		BEI1079
Ammonia (as N)	*	mg/L	0.00	1		09/28/23 09:00	Field		BEJ0256
Nitrate Nitrogen as NO3N	**24.5**	mg/L	0.1	1	10	09/28/23 20:22	EPA 300.0		BEI1030
Temperature	**25.0**	units	0.0	1		09/29/23 14:12	SM 4500-H+	H	BEI1079
pH	**7.8**	units	1.0	1		09/29/23 14:12	SM 4500-H+	H	BEI1079
Kjeldahl Nitrogen (TKN), Total	ND	mg/L	1.00	1		10/05/23 10:40	SM 4500-NH3 C		BEJ0125
Total Nitrogen	**24.5**	mg/L	1.00	1		10/05/23 10:40	SM 4500-NH3 C		BEJ0125

The results in this report apply to the samples as received and were analyzed in accordance with the chain of custody document. This analytical report must be reproduced in its entirety. All results listed in this report are for the exclusive use of the submitting party. Dellavalle Laboratory, Inc. assumes no responsibility for report alteration, separation, detachment or third party interpretation.

DELLAVALLE™ LABORATORY INC

Agri-Valley Consulting
PO Box 3408
Merced, CA 95344-3408

Account# 00-0003687
Account Manager: House
Submitted By: Agri-Valley Consulting
Ranch: Vander Woude Grand View

Received: 09/28/2023 14:33
Reported: 10/06/2023 09:48

Sample Results
(Continued)

Sample: Vander Woude Grand View DOM Well 2
23I1837-02 (Water)

Sampled: 9/28/2023 9:15
Sampled By: Chase

Analyte	Result	Units	Reporting Limit	DIL	DW MCL	Date/Time Analyzed	Method	Notes	Batch
Electrical Conductivity	**0.69**	mmhos/cm	0.01	1		09/29/23 14:13	SM 2510 B		BEI1079
Electrical Conductivity umhos	**688**	umhos/cm	10.0	1		09/29/23 14:13	SM 2510 B		BEI1079
Ammonia (as N)	*	mg/L	0.00	1		09/28/23 09:15	Field		BEJ0256
Nitrate Nitrogen as NO3N	**9.3**	mg/L	0.1	1	10	09/28/23 20:42	EPA 300.0		BEI1030
Temperature	**25.0**	units	0.0	1		09/29/23 14:13	SM 4500-H+	H	BEI1079
pH	**7.8**	units	1.0	1		09/29/23 14:13	SM 4500-H+	H	BEI1079
Kjeldahl Nitrogen (TKN), Total	ND	mg/L	1.00	1		10/05/23 10:41	SM 4500-NH3 C		BEJ0125
Total Nitrogen	**9.27**	mg/L	1.00	1		10/05/23 10:41	SM 4500-NH3 C		BEJ0125

The results in this report apply to the samples as received and were analyzed in accordance with the chain of custody document. This analytical report must be reproduced in its entirety. All results listed in this report are for the exclusive use of the submitting party. Dellavalle Laboratory, Inc. assumes no responsibility for report alteration, separation, detachment or third party interpretation.

DELLAVALLE™ LABORATORY INC

Agri-Valley Consulting
PO Box 3408
Merced, CA 95344-3408

Account# 00-0003687
Account Manager: House
Submitted By: Agri-Valley Consulting
Ranch: Vander Woude Grand View

Received: 09/28/2023 14:33
Reported: 10/06/2023 09:48

Sample Results
(Continued)

Sample: Vander Woude Grand View DOM Well 3
23I1837-03 (Water)

Sampled: 9/28/2023 9:20
Sampled By: Chase

Analyte	Result	Units	Reporting Limit	DIL	DW MCL	Date/Time Analyzed	Method	Notes	Batch
Electrical Conductivity	**0.69**	mmhos/cm	0.01	1		09/29/23 14:15	SM 2510 B		BEI1079
Electrical Conductivity umhos	**690**	umhos/cm	10.0	1		09/29/23 14:15	SM 2510 B		BEI1079
Ammonia (as N)	*	mg/L	0.00	1		09/28/23 09:20	Field		BEJ0256
Nitrate Nitrogen as NO3N	**9.3**	mg/L	0.1	1	10	09/28/23 21:02	EPA 300.0		BEI1030
Temperature	**25.0**	units	0.0	1		09/29/23 14:15	SM 4500-H+	H	BEI1079
pH	**7.6**	units	1.0	1		09/29/23 14:15	SM 4500-H+	H	BEI1079
Kjeldahl Nitrogen (TKN), Total	ND	mg/L	1.00	1		10/05/23 10:43	SM 4500-NH3 C		BEJ0125
Total Nitrogen	**9.27**	mg/L	1.00	1		10/05/23 10:43	SM 4500-NH3 C		BEJ0125

The results in this report apply to the samples as received and were analyzed in accordance with the chain of custody document. This analytical report must be reproduced in its entirety. All results listed in this report are for the exclusive use of the submitting party. Dellavalle Laboratory, Inc. assumes no responsibility for report alteration, separation, detachment or third party interpretation.

DocuSign Envelope ID: E9129FF5-EB88-425F-A07A-6C72BCA93E3E

DELLAVALLE™ LABORATORY INC

Agri-Valley Consulting
PO Box 3408
Merced, CA 95344-3408

Account# 00-0003687
Account Manager: House
Submitted By: Agri-Valley Consulting
Ranch: Vander Woude Grand View

Received: 09/28/2023 14:33
Reported: 10/06/2023 09:48

Sample Results
(Continued)

Sample: Vander Woude Grand View DOM Well 4
23I1837-04 (Water)

Sampled: 9/28/2023 9:30
Sampled By: Chase

Analyte	Result	Units	Reporting Limit	DIL	DW MCL	Date/Time Analyzed	Method	Notes	Batch
Electrical Conductivity	**0.92**	mmhos/cm	0.01	1		09/29/23 14:16	SM 2510 B		BEI1079
Electrical Conductivity umhos	**916**	umhos/cm	10.0	1		09/29/23 14:16	SM 2510 B		BEI1079
Ammonia (as N)	*	mg/L	0.00	1		09/28/23 09:30	Field		BEJ0256
Nitrate Nitrogen as NO3N	**18.6**	mg/L	0.1	1	10	09/28/23 21:22	EPA 300.0		BEI1030
Temperature	**25.0**	units	0.0	1		09/29/23 14:16	SM 4500-H+	H	BEI1079
pH	**7.7**	units	1.0	1		09/29/23 14:16	SM 4500-H+	H	BEI1079
Kjeldahl Nitrogen (TKN), Total	ND	mg/L	1.00	1		10/05/23 10:44	SM 4500-NH3 C		BEJ0125
Total Nitrogen	**18.6**	mg/L	1.00	1		10/05/23 10:44	SM 4500-NH3 C		BEJ0125

The results in this report apply to the samples as received and were analyzed in accordance with the chain of custody document. This analytical report must be reproduced in its entirety. All results listed in this report are for the exclusive use of the submitting party. Dellavalle Laboratory, Inc. assumes no responsibility for report alteration, separation, detachment or third party interpretation.

DELLAVALLE™ LABORATORY INC

Agri-Valley Consulting
PO Box 3408
Merced, CA 95344-3408

Account# 00-0003687
Account Manager: House
Submitted By: Agri-Valley Consulting
Ranch: Vander Woude Grand View

Received: 09/28/2023 14:33
Reported: 10/06/2023 09:48

Sample Results
(Continued)

Sample: Vander Woude Grand View DOM Well 6
23I1837-05 (Water)

Sampled: 9/28/2023 9:45
Sampled By: Chase

Analyte	Result	Units	Reporting Limit	DIL	DW MCL	Date/Time Analyzed	Method	Notes	Batch
Electrical Conductivity	**0.59**	mmhos/cm	0.01	1		09/29/23 14:24	SM 2510 B		BEI1079
Electrical Conductivity umhos	**586**	umhos/cm	10.0	1		09/29/23 14:24	SM 2510 B		BEI1079
Ammonia (as N)	*	mg/L	0.00	1		09/28/23 09:45	Field		BEJ0256
Nitrate Nitrogen as NO3N	**7.2**	mg/L	0.1	1	10	09/28/23 21:42	EPA 300.0		BEI1030
Temperature	**25.0**	units	0.0	1		09/29/23 14:24	SM 4500-H+	H	BEI1079
pH	**7.3**	units	1.0	1		09/29/23 14:24	SM 4500-H+	H	BEI1079
Kjeldahl Nitrogen (TKN), Total	ND	mg/L	1.00	1		10/05/23 10:45	SM 4500-NH3 C		BEJ0125
Total Nitrogen	**7.22**	mg/L	1.00	1		10/05/23 10:45	SM 4500-NH3 C		BEJ0125

The results in this report apply to the samples as received and were analyzed in accordance with the chain of custody document. This analytical report must be reproduced in its entirety. All results listed in this report are for the exclusive use of the submitting party. Dellavalle Laboratory, Inc. assumes no responsibility for report alteration, separation, detachment or third party interpretation.

DELLAVALLE™ LABORATORY INC

Agri-Valley Consulting
PO Box 3408
Merced, CA 95344-3408

Account# 00-0003687
Account Manager: House
Submitted By: Agri-Valley Consulting
Ranch: Vander Woude Grand View

Received: 09/28/2023 14:33
Reported: 10/06/2023 09:48

Sample Results
(Continued)

Sample: Vander Woude Grand View DOM Well 8
23I1837-06 (Water)

Sampled: 9/28/2023 9:50
Sampled By: Chase

Analyte	Result	Units	Reporting Limit	DIL	DW MCL	Date/Time Analyzed	Method	Notes	Batch
Electrical Conductivity	**0.58**	mmhos/cm	0.01	1		09/29/23 14:26	SM 2510 B		BEI1079
Electrical Conductivity umhos	**582**	umhos/cm	10.0	1		09/29/23 14:26	SM 2510 B		BEI1079
Ammonia (as N)	*	mg/L	0.00	1		09/28/23 09:50	Field		BEJ0256
Nitrate Nitrogen as NO3N	**6.8**	mg/L	0.1	1	10	09/28/23 22:03	EPA 300.0		BEI1030
Temperature	**25.0**	units	0.0	1		09/29/23 14:26	SM 4500-H+	H	BEI1079
pH	**7.5**	units	1.0	1		09/29/23 14:26	SM 4500-H+	H	BEI1079
Kjeldahl Nitrogen (TKN), Total	ND	mg/L	1.00	1		10/05/23 10:47	SM 4500-NH3 C		BEJ0125
Total Nitrogen	**6.81**	mg/L	1.00	1		10/05/23 10:47	SM 4500-NH3 C		BEJ0125

The results in this report apply to the samples as received and were analyzed in accordance with the chain of custody document. This analytical report must be reproduced in its entirety. All results listed in this report are for the exclusive use of the submitting party. Dellavalle Laboratory, Inc. assumes no responsibility for report alteration, separation, detachment or third party interpretation.

DELLAVALLE™ LABORATORY INC

Agri-Valley Consulting
PO Box 3408
Merced, CA 95344-3408

Account# 00-0003687
Account Manager: House
Submitted By: Agri-Valley Consulting
Ranch: Vander Woude Grand View

Received: 09/28/2023 14:33
Reported: 10/06/2023 09:48

Quality Control

Analyte	Result	Qual	Reporting Limit	Units	Spike Level	Source Result	%REC	%REC Limits	RPD	RPD Limit
Batch: BEI1030										
Blank (BEI1030-BLK1)					Prepared & Analyzed: 9/28/2023					
Nitrate Nitrogen as NO3N	ND		0.1	mg/L						
Blank (BEI1030-BLK2)					Prepared & Analyzed: 9/28/2023					
Nitrate Nitrogen as NO3N	ND		0.1	mg/L						
Blank (BEI1030-BLK3)					Prepared & Analyzed: 9/28/2023					
Nitrate Nitrogen as NO3N	ND		0.1	mg/L						
Blank (BEI1030-BLK4)					Prepared: 9/28/2023 Analyzed: 9/29/2023					
Nitrate Nitrogen as NO3N	ND		0.1	mg/L						
Blank (BEI1030-BLK5)					Prepared: 9/28/2023 Analyzed: 9/29/2023					
Nitrate Nitrogen as NO3N	ND		0.1	mg/L						
LCS (BEI1030-BS1)					Prepared & Analyzed: 9/28/2023					
Nitrate Nitrogen as NO3N	5.0		0.1	mg/L	5.000		100	90-110		
LCS (BEI1030-BS2)					Prepared & Analyzed: 9/28/2023					
Nitrate Nitrogen as NO3N	5.0		0.1	mg/L	5.000		99.8	90-110		
LCS (BEI1030-BS3)					Prepared: 9/28/2023 Analyzed: 9/29/2023					
Nitrate Nitrogen as NO3N	5.0		0.1	mg/L	5.000		100	90-110		
LCS (BEI1030-BS4)					Prepared: 9/28/2023 Analyzed: 9/29/2023					
Nitrate Nitrogen as NO3N	5.0		0.1	mg/L	5.000		99.2	90-110		
Duplicate (BEI1030-DUP1)		**Source: 23I1774-01**			Prepared & Analyzed: 9/28/2023					
Nitrate Nitrogen as NO3N	13.7		0.1	mg/L		13.7			0.519	10
Duplicate (BEI1030-DUP2)		**Source: 23I1837-05**			Prepared & Analyzed: 9/28/2023					
Nitrate Nitrogen as NO3N	7.1		0.1	mg/L		7.2			1.31	10
Duplicate (BEI1030-DUP3)		**Source: 23I1833-02**			Prepared: 9/28/2023 Analyzed: 9/29/2023					
Nitrate Nitrogen as NO3N	2.1		0.1	mg/L		2.1			0.0966	10
Duplicate (BEI1030-DUP4)		**Source: 23I1868-01**			Prepared: 9/28/2023 Analyzed: 9/29/2023					
Nitrate Nitrogen as NO3N	0.5		0.1	mg/L		0.5			0.550	10
Matrix Spike (BEI1030-MS1)		**Source: 23I1774-01**			Prepared & Analyzed: 9/28/2023					
Nitrate Nitrogen as NO3N	18.8		0.1	mg/L	5.000	13.7	103	90-110		
Matrix Spike (BEI1030-MS2)		**Source: 23I1837-05**			Prepared & Analyzed: 9/28/2023					
Nitrate Nitrogen as NO3N	12.3		0.1	mg/L	5.000	7.2	101	90-110		

The results in this report apply to the samples as received and were analyzed in accordance with the chain of custody document. This analytical report must be reproduced in its entirety. All results listed in this report are for the exclusive use of the submitting party. Dellavalle Laboratory, Inc. assumes no responsibility for report alteration, separation, detachment or third party interpretation.

DELLAVALLE™ LABORATORY INC

Agri-Valley Consulting
PO Box 3408
Merced, CA 95344-3408

Account# 00-0003687
Account Manager: House
Submitted By: Agri-Valley Consulting
Ranch: Vander Woude Grand View

Received: 09/28/2023 14:33
Reported: 10/06/2023 09:48

Quality Control
(Continued)

Analyte	Result	Qual	Reporting Limit	Units	Spike Level	Source Result	%REC	%REC Limits	RPD	RPD Limit
Batch: BEI1030 (Continued)										
Matrix Spike (BEI1030-MS3)			**Source: 23I1833-02**		Prepared: 9/28/2023 Analyzed: 9/29/2023					
Nitrate Nitrogen as NO3N	7.1		0.1	mg/L	5.000	2.1	101	90-110		
Matrix Spike (BEI1030-MS4)			**Source: 23I1868-01**		Prepared: 9/28/2023 Analyzed: 9/29/2023					
Nitrate Nitrogen as NO3N	5.5		0.1	mg/L	5.000	0.5	98.7	90-110		
Reference (BEI1030-SRM1)					Prepared & Analyzed: 9/28/2023					
Nitrate Nitrogen as NO3N	10.0			mg/L	10.00		100	90-110		
Reference (BEI1030-SRM2)					Prepared & Analyzed: 9/28/2023					
Nitrate Nitrogen as NO3N	10.1			mg/L	10.00		101	90-110		
Reference (BEI1030-SRM3)					Prepared: 9/28/2023 Analyzed: 9/29/2023					
Nitrate Nitrogen as NO3N	10.1			mg/L	10.00		101	90-110		
Reference (BEI1030-SRM4)					Prepared: 9/28/2023 Analyzed: 9/29/2023					
Nitrate Nitrogen as NO3N	10.1			mg/L	10.00		101	90-110		
Reference (BEI1030-SRM5)					Prepared: 9/28/2023 Analyzed: 9/29/2023					
Nitrate Nitrogen as NO3N	10.1			mg/L	10.00		101	90-110		

The results in this report apply to the samples as received and were analyzed in accordance with the chain of custody document. This analytical report must be reproduced in its entirety. All results listed in this report are for the exclusive use of the submitting party. Dellavalle Laboratory, Inc. assumes no responsibility for report alteration, separation, detachment or third party interpretation.

DELLAVALLE™ LABORATORY INC

Agri-Valley Consulting
PO Box 3408
Merced, CA 95344-3408

Account# 00-0003687
Account Manager: House
Submitted By: Agri-Valley Consulting
Ranch: Vander Woude Grand View

Received: 09/28/2023 14:33
Reported: 10/06/2023 09:48

Quality Control
(Continued)

Analyte	Result	Qual	Reporting Limit	Units	Spike Level	Source Result	%REC	%REC Limits	RPD	RPD Limit
Batch: BEI1079										
Blank (BEI1079-BLK1)					Prepared & Analyzed: 9/29/2023					
Electrical Conductivity	ND		0.01	mmhos/cm						
Temperature	25.0		0.0	units						
Electrical Conductivity umhos	ND		10.0	umhos/cm						
pH	5.7		1.0	units						
Blank (BEI1079-BLK2)					Prepared & Analyzed: 9/29/2023					
Electrical Conductivity	ND		0.01	mmhos/cm						
Temperature	25.0		0.0	units						
Electrical Conductivity umhos	ND		10.0	umhos/cm						
pH	7.9		1.0	units						
Blank (BEI1079-BLK3)					Prepared & Analyzed: 9/29/2023					
Temperature	25.0		0.0	units						
Electrical Conductivity	ND		0.01	mmhos/cm						
pH	7.9		1.0	units						
Electrical Conductivity umhos	ND		10.0	umhos/cm						
Duplicate (BEI1079-DUP1)		**Source: 23I1837-01**			Prepared & Analyzed: 9/29/2023					
Electrical Conductivity	1.66		0.01	mmhos/cm		1.66			0.235	10
pH	7.8		1.0	units		7.8			1.15	10
Electrical Conductivity umhos	1660		10.0	umhos/cm		1660			0.235	10
Duplicate (BEI1079-DUP2)		**Source: 23I1859-02**			Prepared & Analyzed: 9/29/2023					
Electrical Conductivity	9.04		0.01	mmhos/cm		8.86			2.01	10
Electrical Conductivity umhos	9040		10.0	umhos/cm		8860			2.01	10
pH	7.5		1.0	units		7.5			0.266	10
Reference (BEI1079-SRM1)					Prepared & Analyzed: 9/29/2023					
Electrical Conductivity	535			umhos/cm	538.0		99.5	90-110		
Reference (BEI1079-SRM2)					Prepared & Analyzed: 9/29/2023					
pH	5.8			units	5.820		100	28178-101.71		
Reference (BEI1079-SRM3)					Prepared & Analyzed: 9/29/2023					
Electrical Conductivity	1040			umhos/cm	1000		104	90-110		
Electrical Conductivity umhos	1040			umhos/cm	1000		104	90-110		
Reference (BEI1079-SRM4)					Prepared & Analyzed: 9/29/2023					
Electrical Conductivity	1020			umhos/cm	1000		102	90-110		
Electrical Conductivity umhos	1020			umhos/cm	1000		102	90-110		
Reference (BEI1079-SRM5)					Prepared & Analyzed: 9/29/2023					
Electrical Conductivity	1020			umhos/cm	1000		102	90-110		

The results in this report apply to the samples as received and were analyzed in accordance with the chain of custody document. This analytical report must be reproduced in its entirety. All results listed in this report are for the exclusive use of the submitting party. Dellavalle Laboratory, Inc. assumes no responsibility for report alteration, separation, detachment or third party interpretation.

DELLAVALLE™ LABORATORY INC

Agri-Valley Consulting
PO Box 3408
Merced, CA 95344-3408

Account# 00-0003687
Account Manager: House
Submitted By: Agri-Valley Consulting
Ranch: Vander Woude Grand View

Received: 09/28/2023 14:33
Reported: 10/06/2023 09:48

Quality Control
(Continued)

Analyte	Result	Qual	Reporting Limit	Units	Spike Level	Source Result	%REC	%REC Limits	RPD	RPD Limit
Batch: BEI1079 (Continued)										
Reference (BEI1079-SRM5)					Prepared & Analyzed: 9/29/2023					
Electrical Conductivity umhos	1020			umhos/cm	1000		102	90-110		
Reference (BEI1079-SRM6)					Prepared & Analyzed: 9/29/2023					
pH	4.0			units	4.000		100	97.5-102.5		
Reference (BEI1079-SRM7)					Prepared & Analyzed: 9/29/2023					
pH	4.0			units	4.000		100	97.5-102.5		
Reference (BEI1079-SRM8)					Prepared & Analyzed: 9/29/2023					
pH	4.0			units	4.000		100	97.5-102.5		

The results in this report apply to the samples as received and were analyzed in accordance with the chain of custody document. This analytical report must be reproduced in its entirety. All results listed in this report are for the exclusive use of the submitting party. Dellavalle Laboratory, Inc. assumes no responsibility for report alteration, separation, detachment or third party interpretation.

DELLAVALLE™ LABORATORY INC

Agri-Valley Consulting
PO Box 3408
Merced, CA 95344-3408

Account# 00-0003687
Account Manager: House
Submitted By: Agri-Valley Consulting
Ranch: Vander Woude Grand View

Received: 09/28/2023 14:33
Reported: 10/06/2023 09:48

Quality Control
(Continued)

Analyte	Result	Qual	Reporting Limit	Units	Spike Level	Source Result	%REC	%REC Limits	RPD	RPD Limit
Batch: BEJ0125										
Blank (BEJ0125-BLK1)					Prepared: 10/4/2023	Analyzed: 10/5/2023				
Kjeldahl Nitrogen (TKN), Total	ND		1.00	mg/L						
Total Nitrogen	ND		1.00	mg/L						
Blank (BEJ0125-BLK2)					Prepared: 10/4/2023	Analyzed: 10/5/2023				
Kjeldahl Nitrogen (TKN), Total	ND		1.00	mg/L						
Total Nitrogen	ND		1.00	mg/L						
LCS (BEJ0125-BS1)					Prepared: 10/4/2023	Analyzed: 10/5/2023				
Kjeldahl Nitrogen (TKN), Total	5.57		1.00	mg/L	5.709		97.5	90-110		
LCS (BEJ0125-BS2)					Prepared: 10/4/2023	Analyzed: 10/5/2023				
Kjeldahl Nitrogen (TKN), Total	5.55		1.00	mg/L	5.709		97.2	90-110		
Duplicate (BEJ0125-DUP1)		**Source: 23I1837-05**			Prepared: 10/4/2023	Analyzed: 10/5/2023				
Kjeldahl Nitrogen (TKN), Total	ND		1.40	mg/L		ND				10
Duplicate (BEJ0125-DUP2)		**Source: 23J0121-01**			Prepared: 10/4/2023	Analyzed: 10/5/2023				
Kjeldahl Nitrogen (TKN), Total	22.0		3.50	mg/L		23.4			5.97	10
Matrix Spike (BEJ0125-MS1)		**Source: 23I1837-05**			Prepared: 10/4/2023	Analyzed: 10/5/2023				
Kjeldahl Nitrogen (TKN), Total	7.62		1.40	mg/L	7.992	ND	95.3	90-110		
Matrix Spike (BEJ0125-MS2)		**Source: 23J0121-01**			Prepared: 10/4/2023	Analyzed: 10/5/2023				
Kjeldahl Nitrogen (TKN), Total	34.4		3.50	mg/L	9.990	23.4	110	90-110		
Reference (BEJ0125-SRM1)					Prepared: 10/4/2023	Analyzed: 10/5/2023				
Kjeldahl Nitrogen (TKN), Total	24.1			mg/L	23.80		101	90-110		

The results in this report apply to the samples as received and were analyzed in accordance with the chain of custody document. This analytical report must be reproduced in its entirety. All results listed in this report are for the exclusive use of the submitting party. Dellavalle Laboratory, Inc. assumes no responsibility for report alteration, separation, detachment or third party interpretation.

23I1837

09/28/23 14:33 23I1837

Water Work Request

DELLAVALLE LABORATORY, INC.

1910 W. McKinley Avenue, Suite 110 • Fresno, CA 93728
www.dellavallelab.com 559 233-6129 · 800 228-9896 · Fax 559 268-8174

No. Samples: 6 No. of Bottles: 6

Purchase Order No	Bill To: Acct #	Cons #
	3687	50

Name: Agri-Valley Consulting
Address: PO Box 3408
City: Merced **State:** CA **Zip:** 95344
Telephone: (209) 722-7665 **Fax:** (209) 722-4370
Email: ckjmorg@aol.com, joe@agrivalleyconsulting.com, matt@agrivalleyconsulting.com,
COPY TO: giuliana@agrivalleyconsulting.com, steve@agrivalleyconsulting.com,
kyle@agrivalleyconsulting.com, kaleb@agrivalleyconsulting.com, chase@agrivalleyconsulting.com,
della@agrivalleyconsulting.com, tammy@agrivalleyconsulting.com, osbaldo@agrivalleyconsulting.com

REQUESTED BY: Agri-Valley Consulting
PROJECT: Vander Woude Grand View
CROP:

[X] QA/QC Document [X] Copy of Chain

Sampled By: Chase

Water Type [X] Drinking Water [ ] Wastewater
[ ] Ag Water [ ] Groundwater [ ] Montioring Well

Other:

Analysis and Bottles Required: (Please indicate Analysis)

(X) DWW1: EC,NO_3-N,TDS,TKN,TN ***NH_4-N Field Test**
(1-1 Liter Plastic, Unpreserved) White Per Sample
( ) DWW2: DWW1 Plus SO_4,CO_3,HCO_3,Cl,Ca,Mg,Na
(1-1 Liter Plastic, Unpreserved) White Per Sample
( ) DCW1: EC,NO_3-N,TKN,TN,TDS,***NH_4-N Field Test**
(1-1 Liter Plastic, Unpreserved) White Per Sample
( ) DPW1: EC,NO_3-N,NH_4-N,TKN,TDS,TP,TK
(1-1 Liter Plastic, Unpreserved) White Per Sample
( ) DPW2: DPW1 Plus Ca,Mg,Na,HCO_3,CO_3,SO_4,Cl
(1-1 Liter Plastic, Unpreserved) White Per Sample
( ) AG SUITABILITY
( ) Other: TOTAL N, EC, TDS

* If field NH_4-N detected Run NH_4-N, UnNH_4-N
***NEED FIELD TEMP & Ph for UnNH_4-N

	DESCRIPTION OF SAMPLE	Field pH	Field Temp	Date Sampled	Time Sampled	Rec'd Temp °C	Field NH_4-N
1	Vander Woude Grand View DOM well 1			9/28/2023	9:00	21.6	
2	Vander Woude Grand View DOM well 2			9/28/2023	9:15	22.1	
3	Vander Woude Grand View DOM well 3			9/28/2023	9:20	21.4	
4	Vander Woude Grand View DOM well 4			9/28/2023	9:30	21.6	
5	Vander Woude Grand View DOM well 6			9/28/2023	9:45	21.8	
6	Vander Woude Grand View DOM well 8			9/28/2023	9:50	21.9	
7							
8							
9							
10							

9

CHAIN OF CUSTODY

Carrier	Signature	Company	Received (Date/Time)	Relinquished (Date/Time)
First		Agri-Valley Consulting		9/28/23 2:30
Second		Agri-Valley Consulting		
Third				
Fourth		DLL	9-28-23 1433	

I guarantee that as the client, or on behalf of client named, I have the authority to contract the above requested services. Should it be found that I do not have such authority, I agree to be personally liable for all costs and, if there should be action against me for this breach, reasonable attorneys' fees. It is understood that payment is expected to be cash with samples unless terms have been previously arranged. Terms are net 30 days; overdue accounts will be charged a liquidated damage fee of 2% per month (annually 24%) or $5.00 per month whichever is greater.

If payment is not made when due and a legitimate dispute exists concerning the product or services of Dellavalle Laboratory, Inc., it will be submitted to mediation under the Rules and Procedures of Creative Alternative to Litigation, Inc. (*cal*). If the dispute is not resolved in mediation, then the dispute will be submitted to binding arbitration through *cal* under its Rules and Procedures. The parties will equally bear the costs of mediation/arbitration. If, however, the mediator declares that no legitimate dispute exists, then debtor will pay all mediation and arbitration costs, and in the event of arbitration, reasonable attorneys' fees of Dellavalle Laboratory.

Out of Temperature Compliance
Proceed: [X] Yes [ ] No
Approved By: _____ (Client)
Initial and Date: _____ (DLI)

IR Thermometer SN: 200560723
Correction Factor: 0°C
Calibration Due: 12/22/2023
Location: Laboratory

DocuSign Envelope ID: E9129FF5-EB88-425F-A07A-6C72BCA93E3E

09/28/23 14:33 23I1837

pH Strips
Lot: 10BDH4501 Exp: Jan 2025

Shipping Information: Shipped In □ Picked-Up □ Walk In □ DLI Sampler □ Other □ _____

□ Samples refridgerated before pick up | □ Picked up samples placed in Ice chest

Container: Ice Chest □ Box □ None □ | **Refrigerant:** Wet Ice □ Blue Ice □ None □

Samples Preserved with HNO_3 or H_2SO_4 were: □ Received Preserved □ Preserved Upon Receipt at Laboratory

	Type of Container(s) Received	Sample Number 1	2	3	4	5	6	7	8	9	10
	Sample Containers for Internal (DLI) Use *(Containers that go into the Lab)*										
Plastics	100 mL sterile plastic $Na_2S_2O_3$ (Green)										
Plastics	250 mL unpreserved (White) Plastic										
Plastics	250 mL HNO_3 (Red) Plastic										
Plastics	* pH Value										
Plastics	250 mL H_2SO_4 (Yellow) Plastic	1	1	1	1	1	1				
Plastics	* pH Value	<2	<2	<2	<2	<2	<2				
Plastics	500 mL unpreserved (White) Plastic										
Plastics	1 L unpreserved (White) Plastic	1	1	1	1	1	1				
Plastics	1 L unpreserved (BOD) (Purple) Plastic										
Special	500mL unpreserved (White) Glass										
Special	PO4-P Kit										
Special	**Other:**										
	Sample Containers for Subcontracted ("Send Out") Analyses *(Containers that go in the Subcontract ("Send Out") Refrigerator)*										
Plastics	100 mL sterile plastic $Na_2S_2O_3$ (Green)										
Plastics	250 mL unpreserved (White) Plastic										
Plastics	250 mL HNO_3 (Red) Plastic										
Plastics	250 mL H_2SO_4 (Yellow) Plastic										
Plastics	500 mL HNO_3 (Red)										
Plastics	1 L unpreserved (White) Plastic										
Plastics	1 L unpreserved (BOD) (Purple) Plastic										
Plastics	1 L HNO_3 (Red)										
VOA Vials	40 mL VOA, $Na_2S_2O_3$ + MCAA (EPA531)										
VOA Vials	40 mL VOA, $Na_2S_2O_3$ (EPA547)										
VOA Vials	40mL AG VOA unpreserved (White) (Set of 3)										
VOA Vials	40 mL AG VOA, $Na_2S_2O_3$ (Green) (Set of 3)										
VOA Vials	40mL VOA, H_3PO_4 (Set of 3)										
VOA Vials	40 mL VOA, HCl (Blue) (Set of 3)										
VOA Vials	40 mL VOA, $Na_2S_2O_3$ (Green) (Set of 3)										
Glass	250 mL AG unpreserved (White)										
Glass	250 mL AG H_2SO_4 (Yellow)										
Glass	250 mL AG $Na_2S_2O_3$ (Green)										
Glass	250 mL AG $Na_2S_2O_3$ + MCAA										
Glass	500 mL glass unpreserved (White)										
Glass	500 mL AG HCl (Blue)										
Glass	1 L AG unpreserved (White)										
Glass	1 L AG H_2SO_4 (Yellow)										
Glass	1 L AG $Na_2S_2O_3$ (Green)										
Glass	1 L AG HCl (Blue)										
Special	Cr^{6+} - 50mL Plastic w/Borate/HCO_3/CO_3										
Special	Cyanide - 500 mL NaOH										
Special	Asbestos - 1L P wrapped in foil (Set of 2)										
Special	Sulfide - 1 L **AG** or **P** NaOH + ZnAc										
Special	Chlorite/Bromate - 250 mL AG with EDA										
Special	HAA5 - 250mL AG Ammonium Chlorite										
Special	DO KIT										
Special	**Other:**										
Special	**Other:**										

SEND OUT