Annual Report - General Order No. R5-2007-0035
Reporting period 01/01/2023 to 12/31/2023.

DAIRY FACILITY INFORMATION

A. NAME OF DAIRY OR BUSINESS OPERATING THE DAIRY: River Oak Heifers

Physical address of dairy:

Number and Street	City	County	Zip Code
12100 Fogarty RD	Oakdale	Stanislaus	95361

Street and nearest cross street (if no address):

Date facility was originally placed in operation: 01/01/1950

Regional Water Quality Control Board Basin Plan designation: San Joaquin River Basin

County Assessor Parcel Number(s) for dairy facility:

X010-X072-X003-XXXX

B. OPERATORS

Koolhaas, Tom

Operator name: Koolhaas, Tom

Telephone no.: Landline: ; Cellular: (209) 324-1241

Mailing Address Number and Street	City	State	Zip Code
P.O. Box 294	Farmington	CA	95320

This operator is responsible for paying permit fees.

C. OWNERS

Bylsma, Willie

Legal owner name: Bylsma, Willie

Telephone no.: Landline: (209) 847-3362; Cellular:

Mailing Address Number and Street	City	State	Zip Code
12100 Fogarty RD	Oakdale	CA	95361

AVAILABLE NUTRIENTS

A. HERD INFORMATION

	Milk Cows	Dry Cows	Bred Heifers (15-24 mo.)	Heifers (7-14 mo. to breeding)	Calves (4-6 mo.)	Calves (0-3 mo.)
Number open confinement	0	0	250	500	250	0
Number under roof	0	0	0	0	0	0
Maximum number	0	0	250	500	250	0
Average number	0	0	250	500	250	0
Avg live weight (lbs)	0	0	900	700		

Predominant milk cow breed: Other

Average milk production: 1 *pounds per cow per day*

B. MANURE GENERATED

Total manure excreted by the herd: 8,132.17 *tons per reporting period*

Total nitrogen from manure: 83,950.00 *lbs per reporting period*

After ammonia losses (30% loss applied): 58,765.00 *lbs per reporting period*

Total phosphorus from manure: 12,948.38 *lbs per reporting period*

Total potassium from manure: 1.00 *lbs per reporting period*

Total salt from manure: 0.00 *lbs per reporting period*

C. PROCESS WASTEWATER GENERATED

Process wastewater generated: _____ *gallons*

Total nitrogen generated: _____ *lbs*

Total phosphorus generated: _____ *lbs*

Total potassium generated: _____ *lbs*

Total salt generated: _____ *lbs*

	0	*gallons applied*
+	0	*gallons exported*
-	0	*gallons imported*
=	0	*gallons generated*

D. FRESH WATER SOURCES

Source Description	Type
Canal OID	Ground water

E. SUBSURFACE (TILE) DRAINAGE SOURCES

No subsurface (tile) drainage sources entered.

F. NUTRIENT IMPORTS

No dry manure nutrient imports entered.

No process wastewater nutrient imports entered.

Date	Material type / Description	Quantity	Reporting basis	Moisture (%)	N (%)	P (%)	K (%)	Salt (%)
03/03/2023	Solid commercial fertilizer *17-0-0*	27.90 *ton*	Dry-weight	0.1	17.000000	0.000000	0.000000	0.000000

Material type	Total N (lbs)	Total P (lbs)	Total K (lbs)	Total salt (lbs)
Commercial fertilizer / Other	9,476.51	0.00	0.00	0.00
Dry manure	0.00	0.00	0.00	0.00
Process wastewater	0.00	0.00	0.00	0.00
Total imports for all materials	9,476.51	0.00	0.00	0.00

G. NUTRIENT EXPORTS

Date	Material type	Quantity	Reporting basis	Moisture (%)	Density (lbs/cu ft)	N (mg/kg)	P (mg/kg)	K (mg/kg)	Salt (mg/kg)	TFS (%)
07/12/2023	Corral solids	1,400.00 *ton*	Dry-weight	10.3		19,600.00	5,390.00	13,500.00		48.80
09/07/2023	Corral solids	500.00 *ton*	Dry-weight	10.3		19,600.00	5,390.00	13,500.00		48.80

No liquid nutrient exports entered.

Material type	Total N (lbs)	Total P (lbs)	Total K (lbs)	Total salt (lbs)
Dry manure	66,808.56	18,372.35	46,016.10	1,663,396.80
Process wastewater	0.00	0.00	0.00	0.00
Total exports for all materials	66,808.56	18,372.35	46,016.10	1,663,396.80

APPLICATION AREA

A. LIST OF LAND APPLICATION AREAS

Field name	Controlled acres	Cropable acres	Total harvests	Type of waste applied	Parcel number
1	93	93	1	manure	X010-X072-X003-XXXX
Totals for areas that were used for application	93	93	1		
Totals for areas that were not used for application					
Land application area totals	93	93	1		

B. CROPS AND HARVESTS

1

Field name: 1

03/11/2019: Almond Field Run

Crop: Almond Field Run Acres planted: 93 Plant date: 03/11/2019

Harvest date	Yield	Reporting basis	Density (lbs/cu ft)	Moisture (%)	N (mg/kg)	P (mg/kg)	K (mg/kg)	Salt (mg/kg)	TFS (%)
10/04/2023	437.10 *ton*	As-is		19.1	17,000.00	1,440.00	30,300.00		12.60

	Yield (tons/acre)	Total N (lbs/acre)	Total P (lbs/acre)	Total K (lbs/acre)	Salt (lbs/acre)
Anticipated harvest content	4.00	172.00	29.20	186.00	0.00
Total actual harvest content	4.70	159.80	13.54	284.82	958.18

NUTRIENT BUDGET

A. LAND APPLICATIONS

1 - 03/11/2019: Almond Field Run

Field name: 1

Crop: Almond Field Run

Plant date: 03/11/2019

Application date	Application method	Precipitation 24 hours prior	Precipitation during application	Precipitation 24 hours following
09/24/2022	Surface (irrigation)	No precipitation	No precipitation	No precipitation

Source description	Material type	N (lbs/acre)	P (lbs/acre)	K (lbs/acre)	Salt (lbs/acre)	Amount
Canal OID	Ground water	0.00	0.00	0.00	0.00	9,434,850.00 *gal*
Application event totals		0.00	0.00	0.00	0.00	

Application date	Application method	Precipitation 24 hours prior	Precipitation during application	Precipitation 24 hours following
10/18/2022	Surface (irrigation)	No precipitation	No precipitation	No precipitation

Source description	Material type	N (lbs/acre)	P (lbs/acre)	K (lbs/acre)	Salt (lbs/acre)	Amount
Canal OID	Ground water	0.00	0.00	0.00	0.00	9,434,850.00 *gal*
Application event totals		0.00	0.00	0.00	0.00	

Application date	Application method	Precipitation 24 hours prior	Precipitation during application	Precipitation 24 hours following
10/25/2022	Broadcast/incorporate	No precipitation	No precipitation	No precipitation

Source description	Material type	N (lbs/acre)	P (lbs/acre)	K (lbs/acre)	Salt (lbs/acre)	Amount
Corral Solids	Corral solids	61.65	9.88	51.23	616.50	140.00 *ton*
Application event totals		61.65	9.88	51.23	616.50	

Application date	Application method	Precipitation 24 hours prior	Precipitation during application	Precipitation 24 hours following
03/03/2023	Sidedress	No precipitation	No precipitation	No precipitation

Source description	Material type	N (lbs/acre)	P (lbs/acre)	K (lbs/acre)	Salt (lbs/acre)	Amount
CAN17	Solid commercial fertilizer	34.00	0.00	0.00	0.00	
Application event totals		34.00	0.00	0.00	0.00	

Application date	Application method	Precipitation 24 hours prior	Precipitation during application	Precipitation 24 hours following
04/20/2023	Surface (irrigation)	No precipitation	No precipitation	No precipitation

Source description	Material type	N (lbs/acre)	P (lbs/acre)	K (lbs/acre)	Salt (lbs/acre)	Amount
Canal OID	Ground water	0.85	0.00	0.00	43.52	9,327,900.00 *gal*
Application event totals		0.85	0.00	0.00	43.52	

1 - 03/11/2019: Almond Field Run

Application date	Application method	Precipitation 24 hours prior	Precipitation during application	Precipitation 24 hours following
05/12/2023	Sidedress	No precipitation	No precipitation	No precipitation

Source description	Material type	N (lbs/acre)	P (lbs/acre)	K (lbs/acre)	Salt (lbs/acre)	Amount
CAN17	Solid commercial fertilizer	34.00	0.00	0.00	0.00	
Application event totals		34.00	0.00	0.00	0.00	

05/14/2023	Surface (irrigation)	No precipitation	No precipitation	No precipitation

Source description	Material type	N (lbs/acre)	P (lbs/acre)	K (lbs/acre)	Salt (lbs/acre)	Amount
Canal OID	Ground water	0.84	0.00	0.00	43.50	9,323,250.00 *gal*
Application event totals		0.84	0.00	0.00	43.50	

05/29/2023	Surface (irrigation)	No precipitation	No precipitation	No precipitation

Source description	Material type	N (lbs/acre)	P (lbs/acre)	K (lbs/acre)	Salt (lbs/acre)	Amount
Canal OID	Ground water	0.84	0.00	0.00	43.50	9,323,250.00 *gal*
Application event totals		0.84	0.00	0.00	43.50	

06/13/2023	Surface (irrigation)	No precipitation	No precipitation	No precipitation

Source description	Material type	N (lbs/acre)	P (lbs/acre)	K (lbs/acre)	Salt (lbs/acre)	Amount
Canal OID	Ground water	0.86	0.00	0.00	44.04	9,439,500.00 *gal*
Application event totals		0.86	0.00	0.00	44.04	

06/11/2023	Sidedress	No precipitation	No precipitation	No precipitation

Source description	Material type	N (lbs/acre)	P (lbs/acre)	K (lbs/acre)	Salt (lbs/acre)	Amount
CAN17	Solid commercial fertilizer	34.00	0.00	0.00	0.00	
Application event totals		34.00	0.00	0.00	0.00	

06/28/2023	Surface (irrigation)	No precipitation	No precipitation	No precipitation

Source description	Material type	N (lbs/acre)	P (lbs/acre)	K (lbs/acre)	Salt (lbs/acre)	Amount
Canal OID	Ground water	0.86	0.00	0.00	44.04	9,439,500.00 *gal*
Application event totals		0.86	0.00	0.00	44.04	

1 - 03/11/2019: Almond Field Run

Application date	Application method	Precipitation 24 hours prior	Precipitation during application	Precipitation 24 hours following
07/13/2023	Surface (irrigation)	No precipitation	No precipitation	No precipitation

Source description	Material type	N (lbs/acre)	P (lbs/acre)	K (lbs/acre)	Salt (lbs/acre)	Amount
Canal OID	Ground water	0.86	0.00	0.00	44.04	9,439,500.00 *gal*
Application event totals		0.86	0.00	0.00	44.04	

Application date	Application method	Precipitation 24 hours prior	Precipitation during application	Precipitation 24 hours following
07/28/2023	Surface (irrigation)	No precipitation	No precipitation	No precipitation

Source description	Material type	N (lbs/acre)	P (lbs/acre)	K (lbs/acre)	Salt (lbs/acre)	Amount
Canal OID	Ground water	0.86	0.00	0.00	44.02	9,434,850.00 *gal*
Application event totals		0.86	0.00	0.00	44.02	

Application date	Application method	Precipitation 24 hours prior	Precipitation during application	Precipitation 24 hours following
08/12/2023	Surface (irrigation)	No precipitation	No precipitation	No precipitation

Source description	Material type	N (lbs/acre)	P (lbs/acre)	K (lbs/acre)	Salt (lbs/acre)	Amount
Canal OID	Ground water	0.86	0.00	0.00	44.02	9,434,850.00 *gal*
Application event totals		0.86	0.00	0.00	44.02	

Application date	Application method	Precipitation 24 hours prior	Precipitation during application	Precipitation 24 hours following
08/27/2023	Surface (irrigation)	No precipitation	No precipitation	No precipitation

Source description	Material type	N (lbs/acre)	P (lbs/acre)	K (lbs/acre)	Salt (lbs/acre)	Amount
Canal OID	Ground water	0.86	0.00	0.00	44.02	9,434,850.00 *gal*
Application event totals		0.86	0.00	0.00	44.02	

Application date	Application method	Precipitation 24 hours prior	Precipitation during application	Precipitation 24 hours following
09/11/2023	Surface (irrigation)	No precipitation	No precipitation	No precipitation

Source description	Material type	N (lbs/acre)	P (lbs/acre)	K (lbs/acre)	Salt (lbs/acre)	Amount
Canal OID	Ground water	0.86	0.00	0.00	44.02	9,434,850.00 *gal*
Application event totals		0.86	0.00	0.00	44.02	

B. NUTRIENT BUDGET

1 - 03/11/2019: Almond Field Run

Field name: 1 Crop: Almond Field Run Plant date: 03/11/2019

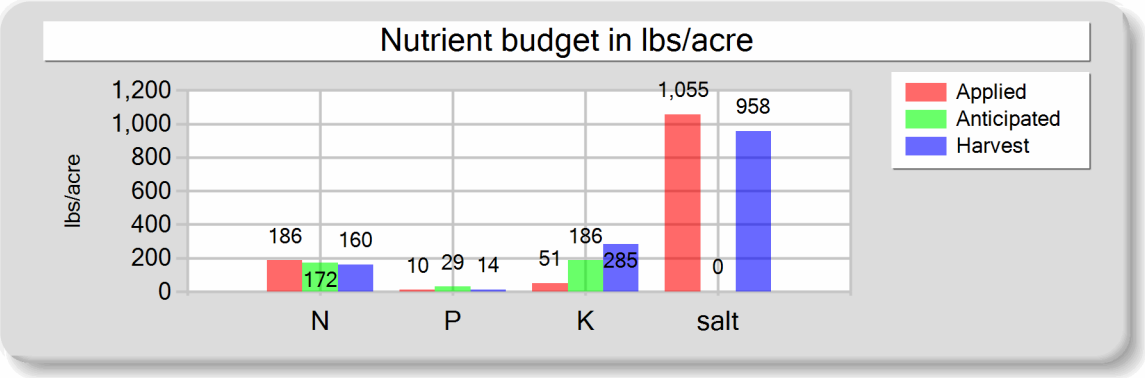

	Total N (lbs/acre)	Total P (lbs/acre)	Total K (lbs/acre)	Total salt (lbs/acre)
Existing soil nutrient content	0.00	0.00	0.00	0.00
Plowdown credit	0.00	0.00	0.00	0.00
Commercial fertilizer / Other	102.00	0.00	0.00	0.00
Dry manure	61.65	9.88	51.23	616.50
Process wastewater	0.00	0.00	0.00	0.00
Fresh water	8.52	0.00	0.00	438.76
Atmospheric deposition	14.00	0.00	0.00	0.00
Total nutrients applied	186.17	9.88	51.23	1,055.25
Anticipated crop nutrient removal	172.00	29.20	186.00	0.00
Actual crop nutrient removal	159.80	13.54	284.82	958.18
Nutrient balance	26.37	-3.66	-233.59	97.07
Applied to removed ratio	1.17	0.73	0.18	1.10

Fresh water applied	
112,902,000.00	*gallons*
4,157.80	*acre-inches*
44.71	*inches/acre*

Process wastewater applied	
0.00	*gallons*
0.00	*acre-inches*
0.00	*inches/acre*

Total harvests for the crop	
1	*harvests*

NUTRIENT ANALYSES

A. MANURE ANALYSES

Corral Solids

Sample and source description: Corral Solids

Sample date: 04/19/2023 Material type: Corral solids Source of analysis: Lab analysis Method of reporting: Dry-weight

Moisture: 14.1 %

	Total N (mg/kg)	Total P (mg/kg)	Total K (mg/kg)	Calcium (mg/kg)	Magnesium (mg/kg)	Sodium (mg/kg)	Sulfur (mg/kg)	Chloride (mg/kg)	Total salt (mg/kg)	TFS (%)
Value	17,900.00	2,910.00	16,300.00							32.10
DL	100.00	100.00	100.00							0.01

Corral Solids

Sample and source description: Corral Solids

Sample date: 10/11/2023 Material type: Corral solids Source of analysis: Lab analysis Method of reporting: Dry-weight

Moisture: 10.3 %

	Total N (mg/kg)	Total P (mg/kg)	Total K (mg/kg)	Calcium (mg/kg)	Magnesium (mg/kg)	Sodium (mg/kg)	Sulfur (mg/kg)	Chloride (mg/kg)	Total salt (mg/kg)	TFS (%)
Value	19,600.00	5,390.00	13,500.00							48.80
DL	100.00	100.00	100.00							0.01

B. PROCESS WASTEWATER ANALYSES

No process wastewater analyses entered.

C. FRESH WATER ANALYSES

Canal OID

Canal OID

Fresh Water

Sample description: Fresh Water

Sample date: 08/18/2023 Source of analysis: Lab analysis

	Total N (mg/L)	NH4-N (mg/L)	Nitrate-N (mg/L)	Calcium (mg/L)	Magnesium (mg/L)	Sodium (mg/L)	Bicarbonate (mg/L)	Carbonate (mg/L)	Sulfate (mg/L)	Chloride (mg/L)	EC (µmhos/cm)	TDS (mg/L)
Value	1.01	0.00	0.00								70.90	52
DL	0.50	0.50	0.50								1.00	10

D. SOIL ANALYSES

1

Soils

Sample and source description: Soils

Sample date: 10/18/2023 Source of analysis: Lab analysis

	Nitrate-N (mg/kg)	Total P (mg/kg)	Soluble P (mg/kg)	K (mg/kg)	EC (µmhos/cm)	Organic matter (%)	Total salt (mg/kg)
Value			96.00				
DL			4.00				

E. PLANT TISSUE ANALYSES

1 - 03/11/2019: Almond Field Run

Almonds

Sample and source description: Almonds

Sample date: 10/04/2023 Source of analysis: Lab analysis Method of reporting: As-is

Moisture: 19.1 %

	Total N (mg/kg)	Total P (mg/kg)	Total K (mg/kg)	Total salt (mg/kg)	TFS (%)
Value	17,000.00	1,440.00	30,300.00		12.60
DL	100.00	100.00	100.00		0.01

F. SUBSURFACE (TILE) DRAINAGE ANALYSES

No subsurface (tile) drainage analyses entered.

NUTRIENT APPLICATIONS, POTENTIAL REMOVAL, AND BALANCE

A. SUMMARY OF NUTRIENT APPLICATIONS, POTENTIAL REMOVAL, AND BALANCE

	Total N (lbs)	Total P (lbs)	Total K (lbs)	Total salt (lbs)
Existing soil nutrient content	0.00	0.00	0.00	0.00
Plowdown credit	0.00	0.00	0.00	0.00
Commercial fertilizer / Other	9,486.00	0.00	0.00	0.00
Dry manure	5,733.42	918.92	4,764.76	57,334.20
Process wastewater	0.00	0.00	0.00	0.00
Fresh water	792.55	0.00	0.00	40,804.38
Atmospheric deposition	1,302.00	0.00	0.00	0.00
Total nutrients applied	17,313.97	918.92	4,764.76	98,138.58
Anticipated crop nutrient removal	15,996.00	2,715.60	17,298.00	0.00
Actual crop nutrient removal	14,861.40	1,258.85	26,488.26	89,110.70
Nutrient balance	2,452.57	-339.93	-21,723.50	9,027.87
Applied to removed ratio	1.17	0.73	0.18	1.10

B. POUNDS OF NUTRIENT APPLIED VS. CROP REMOVAL

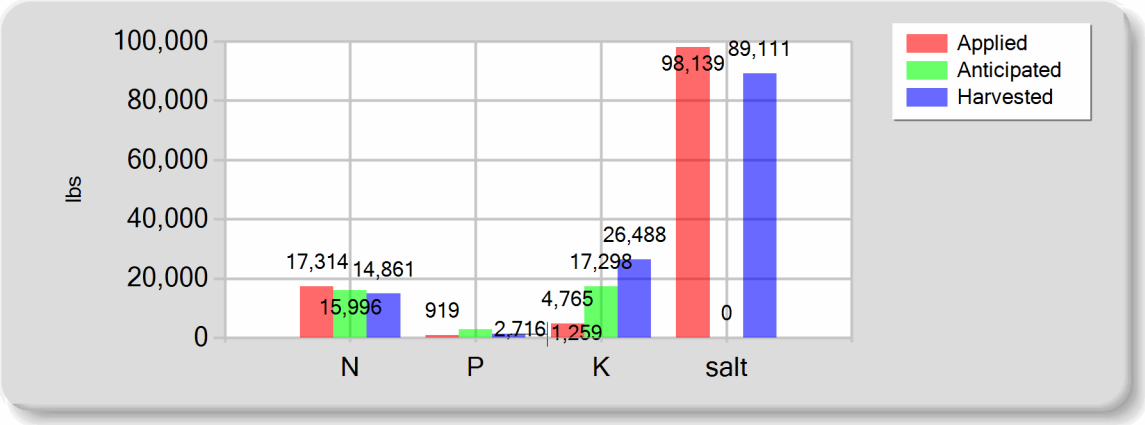

C. POUNDS OF NUTRIENT APPLIED BY MATERIAL TYPE

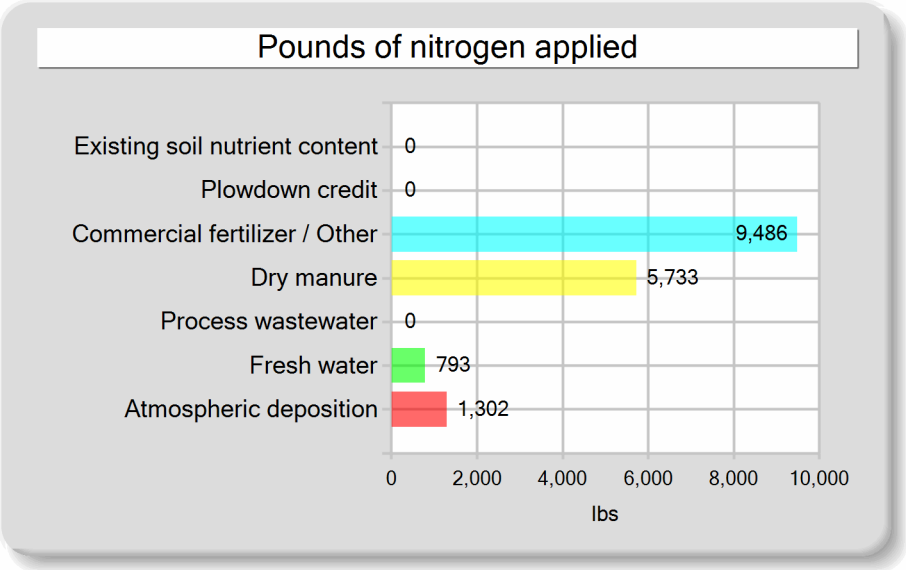

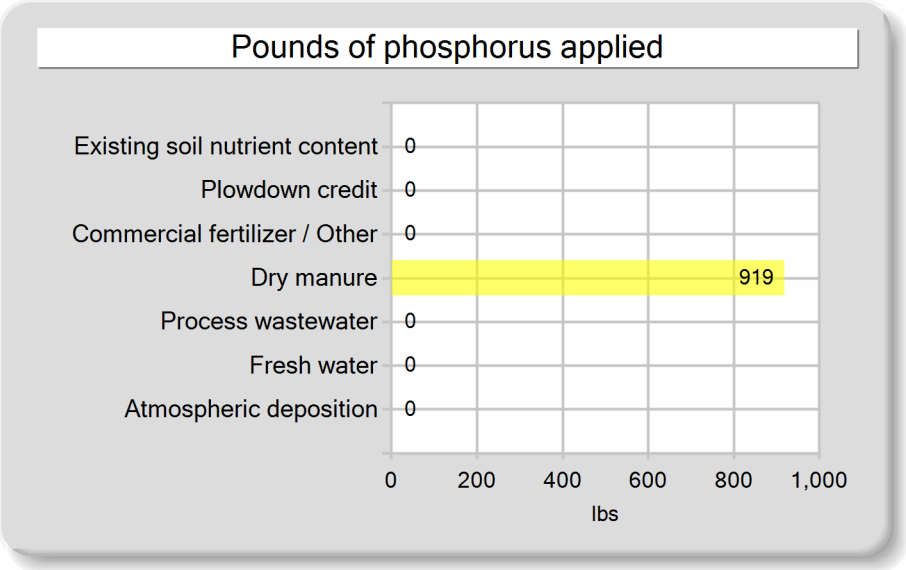

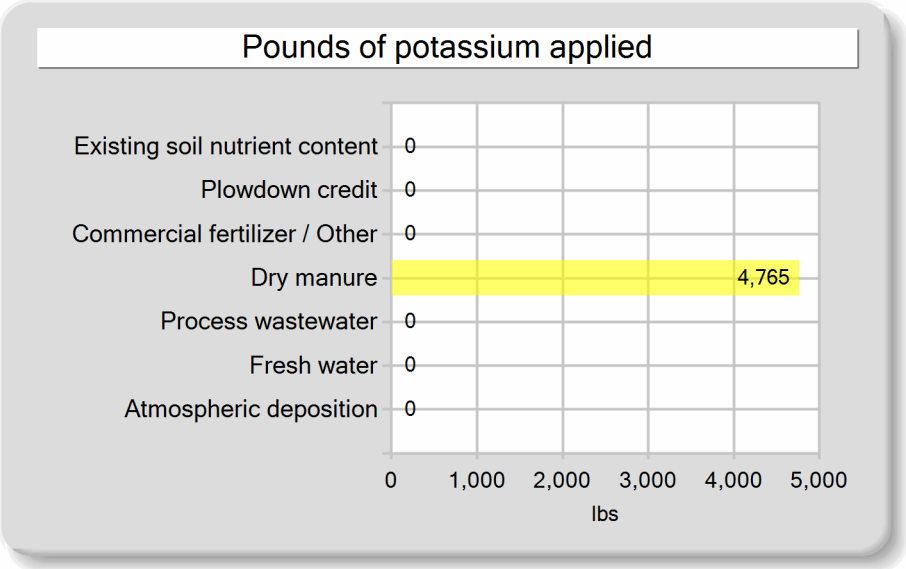

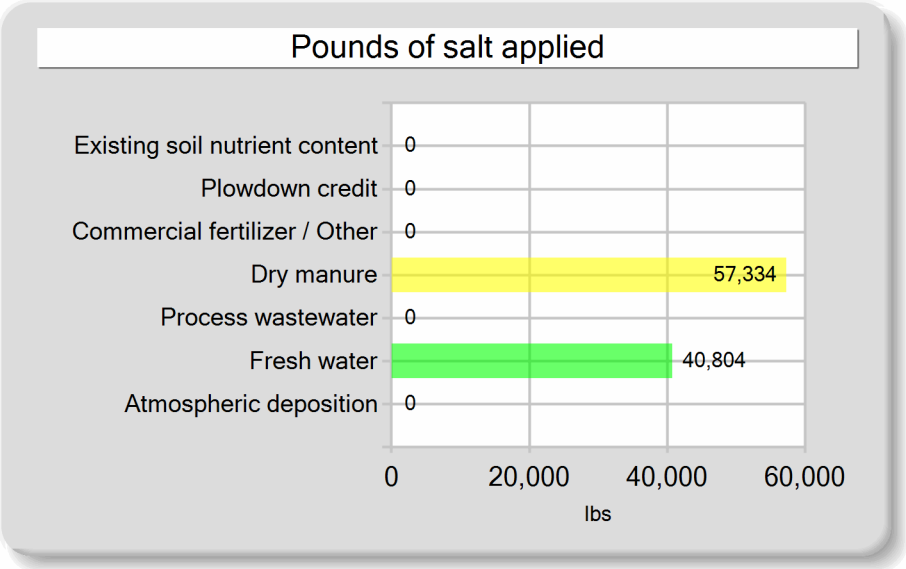

EXCEPTION REPORTING

A. MANURE, PROCESS WASTEWATER, AND OTHER DAIRY WASTE DISCHARGES

The following is a summary of all manure and process wastewater discharges from the production area to surface water or to land areas (land application areas or otherwise) when not in accordance with the facility's Nutrient Management Plan.

No manure or process wastewater discharges occurred during the reporting period.

B. STORM WATER DISCHARGES

The following is a summary of all storm water discharges from the production area to surface water during the reporting period when not in accordance with the facility 's Nutrient Management Plan.

No stormwater discharges occurred during the reporting period.

C. LAND APPLICATION AREA TO SURFACE WATER DISCHARGES

The following is a summary of all discharges from the land application area to surface water that have occurred during the reporting period when not in accordance with the facility's Nutrient Management Plan.

No land application area to surface water discharges occurred during the reporting period.

NUTRIENT MANAGEMENT PLAN AND EXPORT AGREEMENT STATEMENTS

A. NUTRIENT MANAGEMENT PLAN STATEMENTS

Was the facility's NMP updated in the reporting period?	Yes
Was the facility's NMP developed by a certified nutrient management planner (specialist) as specified in Attachment C of the General Order?	Yes
Was the facility's NMP approved by a certified nutrient management planner (specialist) as specified in Attachment C of the General Order?	Yes

B. EXPORT AGREEMENT STATEMENT

Are there any written agreements with third parties to receive manure or process wastewater that are new or were revised within the reporting period?	No

ADDITIONAL NOTES

A. NOTES

River Oak Heifers took over as operator of the facility on September 1, 2023. The facility was previously operated as WJ Dairy #1.

Annual Report - General Order No. R5-2007-0035
Reporting period 01/01/2023 to 12/31/2023.

CERTIFICATION

A. OWNER AND/OR OPERATOR CERTIFICATION

I certify under penalty of law that I have personally examined and am familiar with the information submitted in this document and all attachments and that, based on my inquiry of those individuals immediately responsible for obtaining the information, I believe that the information is true, accurate, and complete. I am aware that there are significant penalties for submitting false information, including the possibility of fine and imprisonment.

Willie Bylsma	Tom Koolhaas (Jun 19, 2024 11:01 PDT)
SIGNATURE OF OWNER OF FACILITY	SIGNATURE OF OPERATOR OF FACILITY
Willie Bylsma	Tom Koolhaas
PRINT OR TYPE NAME	PRINT OR TYPE NAME
6-13-24	Jun 19, 2024
DATE	DATE

ATTACHMENTS

A. REQUIRED ATTACHMENTS

The following lists the required documents that should be attached to the Annual Report when submitted .

Annual Dairy Facility Assessment
Provide an Annual Dairy Facility Assessment (an update to the Preliminary Dairy Facility Assessment in Attachment A) for each reporting period. On the PDFA Final page, click on the ADFA Report button to generate an ADFA report after updating information as needed .

Manure/Process Wastewater Tracking Manifests
Provide copies of all manure/process wastewater tracking manifests for the reporting period, signed by both the owner/operator and the hauler.

Corrective Actions Documents
Provide records documenting any corrective actions taken to correct deficiencies noted as a result of the inspections required in the Monitoring Requirements of the General Order. Deficiencies not corrected in 30 days must be accompanied by an explanation of the factors preventing immediate correction.

Groundwater Monitoring
Dischargers that monitor supply wells or subsurface (tile) drainage systems, or that have monitoring well systems must submit monitoring results as directed in the General Order, Groundwater Reporting Section starting on page MRP-13.

Storm Water Monitoring
Dischargers that are required to monitor storm water more frequently than required in the General Order must submit monitoring results as directed in the General Order, Storm Water Reporting Section on page MRP-14.

ATTACHMENT D

Manure/Process Wastewater Tracking Manifest
For
Existing Milk Cow Dairies

Instructions:

1) Complete one manifest for each hauling event, for each destination. A hauling event may last for several days, as long as the manure is being hauled to the same destination.
2) If there are multiple destinations, **complete a separate form for each destination.**
3) The operator must obtain the signature of the hauler upon completion of each manure-hauling event.
4) The operator shall submit copies of manure/process wastewater tracking manifest(s) with the Annual Monitoring Report for Existing Milk Cow Dairies.

Operator Information:

Name of Operator: Tom Koolhaas

Name of Dairy Facility: River Oak Heifers formerly W J Dairy 1

Facility Address: 12100 Fogarty Rd (Number and Street) Oakdale (City) 95361 (Zip Code)

Contact Person Name and Phone Number: Tom Koolhaas (Name) 209 324-1241 (Phone Number)

Manure/Process Wastewater Hauler Information:

Name of Hauling Company/Person: ALP

Address of Hauling Company /Person: 2324 Villa Manucha (Number and Street) Newman (City) 95360 (Zip Code)

Contact Person: Jeff Lima (Name) 209 862-3393 (Phone Number)

Destination Information:

Composting Facility / Broker / Farmer / Other (identify) _____ (please circle one)

Contact information of Composting Facility, Broker, Farmer, or Other (as identified above): 209

Burchell Nursery (Name) 12000 St Hwy 120 (Number and Street) Oakdale (City) 95361 (Zip Code) 845-8733 (Phone Number)

Manure/Process Wastewater Destination Address or Assessor's Parcel Number:

9310 Wamble Road (Number and Street), Oakdale (City), CA 95361 (Zip Code) 010-008-046 (Assessor's Parcel Number)

Dates Hauled: 7/12/23

Amount Hauled:

Enter the amount of manure hauled in tons or cubic yards (indicate the units used), the manure solids content (if amount reported in tons) or manure density (if amount reported in cubic yards), and the method used to calculate the amount:

Manure: 1400 Tons or Cubic Yards (indicate which units used)

Manure Solids Content (if amount reported in tons): 10.3 % moisture

Manure Density (if amount reported in cubic yards): _____

Method used to determine amount of manure: _____

140 Loads @ 10 T/Load

Enter the amount of process wastewater hauled in gallons and the method used to determine the amount.

Process Wastewater: _____ Gallons

Method used to determine volume of process wastewater: _____

_____

Written Agreement:
Does the Operator have a written agreement (in compliance with Land Application Specification C.2 of Waste Discharge Requirements General Order No. R5-2007-0035) with any party that receives process wastewater from the Operator for its own use? (please check one)

____ Yes _____ No

If the answer is no, the Operator agrees to have such a written agreement with any such party for any process wastewater transferred after **31 December 2007** to such party.
_____ (Operator shall provide initials here to acknowledge this requirement).

Certification:
I declare under the penalty of law that I personally examined and am familiar with the information submitted in this document, and that based on my inquiry of those individuals immediately responsible for obtaining the information, I believe that the information is true, accurate, and complete. I am aware that there are significant penalties for submitting false information, including the possibility of a fine and imprisonment for knowing violations.

Operator's Signature: Tom Koolhaas (Jun 19, 2024 11:01 PDT) Date: Jun 19, 2024

Hauler's Signature: _____ Date: 7-20-23

ATTACHMENT D

Manure/Process Wastewater Tracking Manifest
For
Existing Milk Cow Dairies

Instructions:

1) Complete one manifest for each hauling event, for each destination. A hauling event may last for several days, as long as the manure is being hauled to the same destination.
2) If there are multiple destinations, **complete a separate form for each destination.**
3) The operator must obtain the signature of the hauler upon completion of each manure-hauling event.
4) The operator shall submit copies of manure/process wastewater tracking manifest(s) with the Annual Monitoring Report for Existing Milk Cow Dairies.

Operator Information:

Name of Operator: Tom Koolhaas

Name of Dairy Facility: River Oak Heifers

Facility Address: 12100 Fogarty Road (Number and Street) Oakdale, CA (City) 95361 (Zip Code)

Contact Person Name and Phone Number: Tom Koolhaas (Name) 209-324-1241 (Phone Number)

Manure/Process Wastewater Hauler Information:

Name of Hauling Company/Person: ALP Custom Spreading

Address of Hauling Company /Person: 2324 Villa Manucha Rd. (Number and Street) Newman, (City) 95360 (Zip Code)

Contact Person: Jeff Lima (Name) 209-862-3393 (Phone Number)

Destination Information:

Composting Facility / Broker / Farmer / Other (identify) (please circle one)

Contact information of Composting Facility, Broker, Farmer, or Other (as identified above):

A.L. Gilbert (Name) 304 N. Yosemite Ave. (Number and Street), Oakdale (City) CA 95361 (Zip Code) 209-847-1721 (Phone Number)

Manure/Process Wastewater Destination Address or Assessor's Parcel Number:

0000 Wamble Road (Number and Street) Oakdale, (City) CA 95361 (Zip Code) 010-072-001 (Assessor's Parcel Number)

Dates Hauled: 9-7-23

Amount Hauled:

Enter the amount of manure hauled in tons or cubic yards (indicate the units used), the manure solids content (if amount reported in tons) or manure density (if amount reported in cubic yards), and the method used to calculate the amount:

Manure: 500 Tons or Cubic Yards (indicate which units used)

Manure Solids Content (if amount reported in tons): 10.3% moisture

Manure Density (if amount reported in cubic yards):

Method used to determine amount of manure: _____

50 Loads @ 10 T/Load

Enter the amount of process wastewater hauled in gallons and the method used to determine the amount.

Process Wastewater: _____ Gallons

Method used to determine volume of process wastewater: _____

_____

Written Agreement:
Does the Operator have a written agreement (in compliance with Land Application Specification C.2 of Waste Discharge Requirements General Order No. R5-2007-0035) with any party that receives process wastewater from the Operator for its own use? (please check one)

____ Yes _____ No

If the answer is no, the Operator agrees to have such a written agreement with any such party for any process wastewater transferred after **31 December 2007** to such party.
_____ (Operator shall provide initials here to acknowledge this requirement).

Certification:
I declare under the penalty of law that I personally examined and am familiar with the information submitted in this document, and that based on my inquiry of those individuals immediately responsible for obtaining the information, I believe that the information is true, accurate, and complete. I am aware that there are significant penalties for submitting false information, including the possibility of a fine and imprisonment for knowing violations.

Operator's Signature: Tom Koolhaas (Jun 19, 2024 11:01 PDT) Date: Jun 19, 2024

Hauler's Signature: _____ Date: _____

Denele Analytical, Inc.

865 South Kilroy Avenue Turlock, CA 95380
Phone (209) 634-9055 - Fax (209) 634-9057

www.denelelabs.com

40 N. East Street, Woodland, CA 95776
Phone (530) 666-9056 - Fax (530) 666-9058

Compliance Analysis Report

Customer
W & J Dairy #1
P.O. Box 294
Farmington, CA 95230

Grower

Consultant:
F & R Ag Services
2857 Geer Rd. Ste A
Turlock, CA 95382

PURCHASE ORDER:
RECEIVED DATE: 8/22/23 1:30 PM
SUBMITTED BY: Jeanette
ANALYZED DATE: 8/25/23

Irrigation/ Ground Water (H1)
SOURCE: Well Water

NOTES: Temperature was above qualifying at 22.6c

Sample ID	Lab ID	Analyte	Method Ref	Result	Units
East	T3234034A	Electrical Conductivity (EC)	EPA 120.1 and	0.265	mmhos/cm
		Nitrate Nitrogen (NO3-N)	EPA 353.2	2.57	mg/L
		Ammonia Nitrogen (NH3-N)	SM 4500-NH3 D,C	< 0.500	mg/L
		Soluble Salts (SALT-SOL)	Calculation	170	mg/L

Laboratory Quality Control	LCS %	MS %	MSD %	RPD %
Ammonia Nitrogen (NH3-N)	98.0	95.2 (T3234028A)	95.2 (T3234028A)	0.000
Electrical Conductivity (EC)	98.4			2.53
Nitrate Nitrogen (NO3-N)	103	99.9 (W3235002A)	99.9 (W3235002A)	0.060

The warranty of Denele Analytical is limited to the accuracy of the analyses of the samples as received. Denele Analytical assumes no responsibility for which the customer uses our test results, nor liability for any other warranties, express or implied. These terms and conditions shall supercede any conflicting terms and conditions submitted on customer purchase orders or other forms submitted for work.

ELAP Certificate No.: 2714

Denele Analytical, Inc.

865 South Kilroy Avenue Turlock, CA 95380
Phone (209) 634-9055 - Fax (209) 634-9057

40 N. East Street, Woodland, CA 95776
Phone (530) 666-9056 - Fax (530) 666-9058

www.denelelabs.com

Compliance Analysis Report

Customer
W & J Dairy #1
P.O. Box 294
Farmington, CA 95230

Grower

Consultant:
F & R Ag Services
2857 Geer Rd. Ste A
Turlock, CA 95382

PURCHASE ORDER:
RECEIVED DATE: 8/22/23 1:30 PM
SUBMITTED BY: Jeanette
ANALYZED DATE: 8/25/23

Irrigation/ Ground Water (H1)
SOURCE: Well Water

NOTES: Temperature was above qualifying at 22.0c

Sample ID	Lab ID	Analyte	Method Ref	Result	Units
West	T3234034B	Electrical Conductivity (EC)	EPA 120.1 and	0.302	mmhos/cm
		Nitrate Nitrogen (NO3-N)	EPA 353.2	3.35	mg/L
		Ammonia Nitrogen (NH3-N)	SM 4500-NH3 D,C	< 0.500	mg/L
		Soluble Salts (SALT-SOL)	Calculation	193	mg/L

Laboratory Quality Control	LCS %	MS %	MSD %	RPD %
Ammonia Nitrogen (NH3-N)	98.0	95.2 (T3234028A)	95.2 (T3234028A)	0.000
Electrical Conductivity (EC)	98.4			2.53
Nitrate Nitrogen (NO3-N)	103	99.9 (W3235002A)	99.9 (W3235002A)	0.060

The warranty of Denele Analytical is limited to the accuracy of the analyses of the samples as received. Denele Analytical assumes no responsibility for which the customer uses our test results, nor liability for any other warranties, express or implied. These terms and conditions shall supercede any conflicting terms and conditions submitted on customer purchase orders or other forms submitted for work.

DENELE ANALYTICAL, INC.

865 S. KILROY
TURLOCK, CA 95380

PH# 209-634-9055 FAX# 209-634-9057

DAIRY COMPLIANCE

Client: W&J #1
Mailing address:
(not facility address)
Phone#:

Authorized Copy Released To: F&R Ag Services
Sampled By: Jeanette
Project ID:

ANALYSIS TO BE COMPLETED:

IRRIGATION/GROUND WATER
- H1 EC*, NO3-N, NH4-N*
- H6 EC, TN, TDS
- H7 Combination of H1 & H6
- H14 EC, NO3-N, NH4-N, Ca, Mg, Na, Bicarb Carb, SO4, Cl, TDS

PROCESS WASTE WATER
- H3 EC*, NH4-N, TKN, TP, K, TDS
- H4 EC*, NO3-N, NH4-N, TKN, TP, K, TDS
- H5 Ca, Mg, Na, Bicarb, Carb, SO4, Cl
- H8 Combination of H3 &H5
- H9 Combination of H4 &H5

TILE DRAIN
- H2 EC*, NO3-N, TP, NH4-N*, TDS

** Required Field Measurement*

___ (Check here if performed)

DISCHARGE WATER
- E1 EC*, Temp*, pH*, NO3-N, NH4-N, TKN, TP, K, TDS, Dissolved Oxygen*, BOD 5, TSS, Total & Fecal Coliforms
- E2 EC,* Temp*, pH*, NO3-N, NH4-N*, Turbidity, TP, Dissolved Oxygen*, Total & Fecal Coliforms
- E3 EC*, Temp*, pH*, NO3-N, NH4-N*, TP, Total & Fecal Coliforms
- E4 EC*, Temp*, pH*, NO3-N, NH4-N*, Turbidity, TP, Total & Fecal Coliform

MANURE
- M1 % Moisture
- M3 TN TP, K, % Moisture
- M4 Ca, Mg, Na, Bicarb, Carb, SO4, Cl, Ash
- M7 Combination of M3 & M4

PLANT TISSUE
- F18 % Moisture, Ash, TN, P, K, DM and as received
- F18+ % Moisture, Ash, TN, P, K, DM and as received (Package also includes NIR DCAD)
- F19+ % Moisture, TN (Package includes complete plant tissue analysis)

SOIL
- K3 Soluble Phosphorus
- K4 1ft NO3, Organic Matter
- K5 Pre-Plant (2ft NO3), Fall (1-2ft NO3), Fall (2-3ft NO3)
- K6 0-1ft EC, NO3, Soluble P, K, Organic Matter
- K7 Combination of K3 & K4
- K8 Combination of K3 & K5

	Date Collected	Time Collected	Sample ID	Description	Temp	Well Purge	H1	H3	M3	F18	OTHER
1	8/22/23		East	Domestic	22.6'		✓				
2	↓		West	↓	22.0'		✓				
3											
4											
5											
6											
7											
8											
9											
10											

Analysis

CHAIN OF CUSTODY RECORDING

	Signature	Company	Received Date & Time	Relinquished Date & Time
1st	Jeanette Sawyer	F&R		
2nd		DENELE ANALYTICAL, INC.	8-22-23 11:30	

(LABORATORY USE ONLY)

Logged in By:

LABORATORY NUMBER: T3234034

Required to be submitted to any agency? (YES / NO)

River Oak Heifer 2023 Annual Report

Final Audit Report 2024-06-19

Created:	2024-06-19
By:	Vince Furtado (vfurtado@fragservices.com)
Status:	Signed
Transaction ID:	CBJCHBCAABAAf_zfqqbJQ7cYl31BrW7lVXddZhOO54Kn

"River Oak Heifer 2023 Annual Report" History

Document created by Vince Furtado (vfurtado@fragservices.com)
2024-06-19 - 3:19:13 PM GMT

Document emailed to riveroakdairy@gmail.com for signature
2024-06-19 - 3:21:38 PM GMT

Email viewed by riveroakdairy@gmail.com
2024-06-19 - 6:01:09 PM GMT

Signer riveroakdairy@gmail.com entered name at signing as Tom Koolhaas
2024-06-19 - 6:01:44 PM GMT

Document e-signed by Tom Koolhaas (riveroakdairy@gmail.com)
Signature Date: 2024-06-19 - 6:01:46 PM GMT - Time Source: server

Agreement completed.
2024-06-19 - 6:01:46 PM GMT

Adobe Acrobat Sign