Annual Report - General Order No. R5-2007-0035
Reporting period 01/01/2023 to 12/31/2023.

DAIRY FACILITY INFORMATION

A. NAME OF DAIRY OR BUSINESS OPERATING THE DAIRY: RP Feedlot (Formerly Francisco Mendonca Dairy)

Physical address of dairy:

Number and Street	City	County	Zip Code
12467 Carpenter RD	Crows Landing	Stanislaus	95213

Street and nearest cross street (if no address):

Date facility was originally placed in operation: 01/01/1950

Regional Water Quality Control Board Basin Plan designation: San Joaquin River Basin

County Assessor Parcel Number(s) for dairy facility:

0058-0002-0010-0000

B. OPERATORS

Mendes, Albert

Operator name: Mendes, Albert

Telephone no.: (209) 632-0350 (Landline) (Cellular)

Mailing Address Number and Street	City	State	Zip Code
1100 Ruble RD	Crows Landing	CA	95313

This operator is responsible for paying permit fees.

C. OWNERS

River Partners

Legal owner name: River Partners

Telephone no.: (530) 894-5401 (Landline) (Cellular)

Mailing Address Number and Street	City	State	Zip Code
580 Vallombrosa AVE	Chico	CA	95926

AVAILABLE NUTRIENTS

A. HERD INFORMATION

	Milk Cows	Dry Cows	Bred Heifers (15-24 mo.)	Heifers (7-14 mo. to breeding)	Calves (4-6 mo.)	Calves (0-3 mo.)
Number open confinement	0	0	0	0	0	0
Number under roof	1	0	0	0	0	0
Maximum number	1	0	0	0	0	0
Average number	1	0	0	0	0	0
Avg live weight (lbs)	1,400	0	0	0		

Predominant milk cow breed: Holstein

Average milk production: 1 *pounds per cow per day*

B. MANURE GENERATED

Total manure excreted by the herd: 17.50 *tons per reporting period*

Total nitrogen from manure: 229.50 *lbs per reporting period*

After ammonia losses (30% loss applied): 160.65 *lbs per reporting period*

Total phosphorus from manure: 37.31 *lbs per reporting period*

Total potassium from manure: 146.18 *lbs per reporting period*

Total salt from manure: 470.85 *lbs per reporting period*

C. PROCESS WASTEWATER GENERATED

Process wastewater generated: _____ *gallons*

Total nitrogen generated: _____ *lbs*

Total phosphorus generated: _____ *lbs*

Total potassium generated: _____ *lbs*

Total salt generated: _____ *lbs*

	0	*gallons applied*
+	0	*gallons exported*
-	0	*gallons imported*
=	0	*gallons generated*

D. FRESH WATER SOURCES

Source Description	Type
TID Lateral 4	Ground water

E. SUBSURFACE (TILE) DRAINAGE SOURCES

No subsurface (tile) drainage sources entered.

F. NUTRIENT IMPORTS

No dry manure nutrient imports entered.

No process wastewater nutrient imports entered.

Date	Material type / Description	Quantity	Reporting basis	Moisture (%)	N (%)	P (%)	K (%)	Salt (%)
08/07/2023	Solid commercial fertilizer *NH3*	8.10 *ton*	Dry-weight	0.1	82.000000	0.000000	0.000000	0.000000

Material type	Total N (lbs)	Total P (lbs)	Total K (lbs)	Total salt (lbs)
Commercial fertilizer / Other	13,270.72	0.00	0.00	0.00
Dry manure	0.00	0.00	0.00	0.00
Process wastewater	0.00	0.00	0.00	0.00
Total imports for all materials	13,270.72	0.00	0.00	0.00

G. NUTRIENT EXPORTS

No solid nutrient exports entered.

No liquid nutrient exports entered.

APPLICATION AREA

A. LIST OF LAND APPLICATION AREAS

Field name	Controlled acres	Cropable acres	Total harvests	Type of waste applied	Parcel number
Field 1	45	45	1	manure	X058-X002-X010-XXXX
Field 2	30	30	1	manure	X058-X002-X010-XXXX
Field 3	28	28	1	manure	X058-X002-X010-XXXX
Field 4	33	33	1	manure	X058-X002-X010-XXXX
Field 5	40	40	0	none	X058-X002-X010-XXXX
Field 6	10	10	0	none	X058-X002-X010-XXXX
Totals for areas that were used for application	136	136	4		
Totals for areas that were not used for application	50	50	0		
Land application area totals	186	186	4		

B. CROPS AND HARVESTS

Field 1

Field name: Field 1

07/07/2023: Corn, silage

Crop: Corn, silage Acres planted: 45 Plant date: 07/07/2023

Harvest date	Yield	Reporting basis	Density (lbs/cu ft)	Moisture (%)	N (mg/kg)	P (mg/kg)	K (mg/kg)	Salt (mg/kg)	TFS (%)
11/01/2023	774.00 *ton*	As-is		59.6	4,490.00	620.00	4,090.00		5.80

	Yield (tons/acre)	Total N (lbs/acre)	Total P (lbs/acre)	Total K (lbs/acre)	Salt (lbs/acre)
Anticipated harvest content	28.00	280.00	44.80	232.40	0.00
Total actual harvest content	17.20	154.46	21.33	140.70	806.06

Field 2

Field name: Field 2

Field 2

07/06/2023: Corn, silage

Crop: Corn, silage Acres planted: 30 Plant date: 07/06/2023

Harvest date	Yield	Reporting basis	Density (lbs/cu ft)	Moisture (%)	N (mg/kg)	P (mg/kg)	K (mg/kg)	Salt (mg/kg)	TFS (%)
11/07/2023	694.00 *ton*	As-is		66.6	3,380.00	500.00	3,210.00		6.10

	Yield (tons/acre)	Total N (lbs/acre)	Total P (lbs/acre)	Total K (lbs/acre)	Salt (lbs/acre)
Anticipated harvest content	28.00	280.00	44.80	232.40	0.00
Total actual harvest content	23.13	156.38	23.13	148.52	942.64

Field 3

Field name: Field 3

07/11/2023: Corn, silage

Crop: Corn, silage Acres planted: 28 Plant date: 07/11/2023

Harvest date	Yield	Reporting basis	Density (lbs/cu ft)	Moisture (%)	N (mg/kg)	P (mg/kg)	K (mg/kg)	Salt (mg/kg)	TFS (%)
11/08/2023	589.00 *ton*	As-is		62.7	4,240.00	630.00	3,990.00		6.40

	Yield (tons/acre)	Total N (lbs/acre)	Total P (lbs/acre)	Total K (lbs/acre)	Salt (lbs/acre)
Anticipated harvest content	28.00	280.00	44.80	232.40	0.00
Total actual harvest content	21.04	178.38	26.51	167.87	1,004.33

Field 4

Field name: Field 4

Field 4

07/06/2023: Corn, silage

Crop: Corn, silage Acres planted: 33 Plant date: 07/06/2023

Harvest date	Yield	Reporting basis	Density (lbs/cu ft)	Moisture (%)	N (mg/kg)	P (mg/kg)	K (mg/kg)	Salt (mg/kg)	TFS (%)
11/09/2023	704.00 *ton*	As-is		66.2	3,680.00	620.00	3,330.00		6.60

	Yield (tons/acre)	Total N (lbs/acre)	Total P (lbs/acre)	Total K (lbs/acre)	Salt (lbs/acre)
Anticipated harvest content	28.00	224.00	42.00	184.80	0.00
Total actual harvest content	21.33	157.01	26.45	142.08	951.81

NUTRIENT BUDGET

A. LAND APPLICATIONS

Field 1 - 07/07/2023: Corn, silage

Field name: Field 1

Crop: Corn, silage

Plant date: 07/07/2023

Application date	Application method	Precipitation 24 hours prior	Precipitation during application	Precipitation 24 hours following
06/27/2023	Broadcast/incorporate	No precipitation	No precipitation	No precipitation

Source description	Material type	N (lbs/acre)	P (lbs/acre)	K (lbs/acre)	Salt (lbs/acre)	Amount
Corral Solids	Corral solids	108.09	46.00	282.80	2,645.75	350.00 *ton*
Application event totals		108.09	46.00	282.80	2,645.75	

Application date	Application method	Precipitation 24 hours prior	Precipitation during application	Precipitation 24 hours following
08/07/2023	Surface (irrigation)	No precipitation	No precipitation	No precipitation

Source description	Material type	N (lbs/acre)	P (lbs/acre)	K (lbs/acre)	Salt (lbs/acre)	Amount
TID Lateral 4	Ground water	0.00	0.00	0.00	18.75	3,888,000.00 *gal*
Application event totals		0.00	0.00	0.00	18.75	

Application date	Application method	Precipitation 24 hours prior	Precipitation during application	Precipitation 24 hours following
08/07/2023	Sidedress	No precipitation	No precipitation	No precipitation

Source description	Material type	N (lbs/acre)	P (lbs/acre)	K (lbs/acre)	Salt (lbs/acre)	Amount
NH3	Solid commercial fertilizer	49.20	0.00	0.00	0.00	
Application event totals		49.20	0.00	0.00	0.00	

Application date	Application method	Precipitation 24 hours prior	Precipitation during application	Precipitation 24 hours following
08/22/2023	Surface (irrigation)	No precipitation	No precipitation	No precipitation

Source description	Material type	N (lbs/acre)	P (lbs/acre)	K (lbs/acre)	Salt (lbs/acre)	Amount
TID Lateral 4	Ground water	0.00	0.00	0.00	18.75	3,888,000.00 *gal*
Application event totals		0.00	0.00	0.00	18.75	

Application date	Application method	Precipitation 24 hours prior	Precipitation during application	Precipitation 24 hours following
09/06/2023	Surface (irrigation)	No precipitation	No precipitation	No precipitation

Source description	Material type	N (lbs/acre)	P (lbs/acre)	K (lbs/acre)	Salt (lbs/acre)	Amount
TID Lateral 4	Ground water	0.00	0.00	0.00	15.62	3,240,000.00 *gal*
Application event totals		0.00	0.00	0.00	15.62	

Field 1 - 07/07/2023: Corn, silage

Application date	Application method	Precipitation 24 hours prior	Precipitation during application	Precipitation 24 hours following
09/06/2023	Sidedress	No precipitation	No precipitation	No precipitation

Source description	Material type	N (lbs/acre)	P (lbs/acre)	K (lbs/acre)	Salt (lbs/acre)	Amount
NH3	Solid commercial fertilizer	49.20	0.00	0.00	0.00	
Application event totals		49.20	0.00	0.00	0.00	

Application date	Application method	Precipitation 24 hours prior	Precipitation during application	Precipitation 24 hours following
09/19/2023	Surface (irrigation)	No precipitation	No precipitation	No precipitation

Source description	Material type	N (lbs/acre)	P (lbs/acre)	K (lbs/acre)	Salt (lbs/acre)	Amount
TID Lateral 4	Ground water	0.00	0.00	0.00	12.50	2,592,000.00 *gal*
Application event totals		0.00	0.00	0.00	12.50	

Application date	Application method	Precipitation 24 hours prior	Precipitation during application	Precipitation 24 hours following
10/02/2023	Surface (irrigation)	No precipitation	No precipitation	No precipitation

Source description	Material type	N (lbs/acre)	P (lbs/acre)	K (lbs/acre)	Salt (lbs/acre)	Amount
TID Lateral 4	Ground water	0.00	0.00	0.00	15.62	3,240,000.00 *gal*
Application event totals		0.00	0.00	0.00	15.62	

Field 2 - 07/06/2023: Corn, silage

Field name: Field 2

Crop: Corn, silage

Plant date: 07/06/2023

Application date	Application method	Precipitation 24 hours prior	Precipitation during application	Precipitation 24 hours following
06/28/2023	Broadcast/incorporate	No precipitation	No precipitation	No precipitation

Source description	Material type	N (lbs/acre)	P (lbs/acre)	K (lbs/acre)	Salt (lbs/acre)	Amount
Corral Solids	Corral solids	111.18	47.32	290.88	2,721.34	240.00 *ton*
Application event totals		111.18	47.32	290.88	2,721.34	

Application date	Application method	Precipitation 24 hours prior	Precipitation during application	Precipitation 24 hours following
08/08/2023	Surface (irrigation)	No precipitation	No precipitation	No precipitation

Source description	Material type	N (lbs/acre)	P (lbs/acre)	K (lbs/acre)	Salt (lbs/acre)	Amount
TID Lateral 4	Ground water	0.00	0.00	0.00	25.78	3,564,000.00 *gal*
Application event totals		0.00	0.00	0.00	25.78	

Field 2 - 07/06/2023: Corn, silage

Application date	Application method	Precipitation 24 hours prior	Precipitation during application	Precipitation 24 hours following
08/08/2023	Sidedress	No precipitation	No precipitation	No precipitation

Source description	Material type	N (lbs/acre)	P (lbs/acre)	K (lbs/acre)	Salt (lbs/acre)	Amount
NH3	Solid commercial fertilizer	49.20	0.00	0.00	0.00	
Application event totals		49.20	0.00	0.00	0.00	

08/23/2023	Surface (irrigation)	No precipitation	No precipitation	No precipitation

Source description	Material type	N (lbs/acre)	P (lbs/acre)	K (lbs/acre)	Salt (lbs/acre)	Amount
TID Lateral 4	Ground water	0.00	0.00	0.00	23.43	3,240,000.00 *gal*
Application event totals		0.00	0.00	0.00	23.43	

09/06/2023	Surface (irrigation)	No precipitation	No precipitation	No precipitation

Source description	Material type	N (lbs/acre)	P (lbs/acre)	K (lbs/acre)	Salt (lbs/acre)	Amount
TID Lateral 4	Ground water	0.00	0.00	0.00	21.09	2,916,000.00 *gal*
Application event totals		0.00	0.00	0.00	21.09	

09/06/2023	Sidedress	No precipitation	No precipitation	No precipitation

Source description	Material type	N (lbs/acre)	P (lbs/acre)	K (lbs/acre)	Salt (lbs/acre)	Amount
NH3	Solid commercial fertilizer	49.20	0.00	0.00	0.00	
Application event totals		49.20	0.00	0.00	0.00	

09/19/2023	Surface (irrigation)	No precipitation	No precipitation	No precipitation

Source description	Material type	N (lbs/acre)	P (lbs/acre)	K (lbs/acre)	Salt (lbs/acre)	Amount
TID Lateral 4	Ground water	0.00	0.00	0.00	14.06	1,944,000.00 *gal*
Application event totals		0.00	0.00	0.00	14.06	

10/03/2023	Surface (irrigation)	No precipitation	No precipitation	No precipitation

Source description	Material type	N (lbs/acre)	P (lbs/acre)	K (lbs/acre)	Salt (lbs/acre)	Amount
TID Lateral 4	Ground water	0.00	0.00	0.00	21.09	2,916,000.00 *gal*
Application event totals		0.00	0.00	0.00	21.09	

Field 3 - 07/11/2023: Corn, silage

Field 3 - 07/11/2023: Corn, silage

Field name: Field 3

Crop: Corn, silage

Plant date: 07/11/2023

Application date	Application method	Precipitation 24 hours prior	Precipitation during application	Precipitation 24 hours following
06/28/2023	Sidedress	No precipitation	No precipitation	No precipitation

Source description	Material type	N (lbs/acre)	P (lbs/acre)	K (lbs/acre)	Salt (lbs/acre)	Amount
Corral Solids	Corral solids	119.12	50.70	311.66	2,915.73	240.00 *ton*
Application event totals		119.12	50.70	311.66	2,915.73	

Application date	Application method	Precipitation 24 hours prior	Precipitation during application	Precipitation 24 hours following
08/10/2023	Surface (irrigation)	No precipitation	No precipitation	No precipitation

Source description	Material type	N (lbs/acre)	P (lbs/acre)	K (lbs/acre)	Salt (lbs/acre)	Amount
TID Lateral 4	Ground water	0.00	0.00	0.00	25.11	3,240,000.00 *gal*
Application event totals		0.00	0.00	0.00	25.11	

Application date	Application method	Precipitation 24 hours prior	Precipitation during application	Precipitation 24 hours following
08/10/2023	Sidedress	No precipitation	No precipitation	No precipitation

Source description	Material type	N (lbs/acre)	P (lbs/acre)	K (lbs/acre)	Salt (lbs/acre)	Amount
NH3	Solid commercial fertilizer	49.20	0.00	0.00	0.00	
Application event totals		49.20	0.00	0.00	0.00	

Application date	Application method	Precipitation 24 hours prior	Precipitation during application	Precipitation 24 hours following
08/23/2023	Surface (irrigation)	No precipitation	No precipitation	No precipitation

Source description	Material type	N (lbs/acre)	P (lbs/acre)	K (lbs/acre)	Salt (lbs/acre)	Amount
TID Lateral 4	Ground water	0.00	0.00	0.00	20.09	2,592,000.00 *gal*
Application event totals		0.00	0.00	0.00	20.09	

Application date	Application method	Precipitation 24 hours prior	Precipitation during application	Precipitation 24 hours following
09/06/2023	Surface (irrigation)	No precipitation	No precipitation	No precipitation

Source description	Material type	N (lbs/acre)	P (lbs/acre)	K (lbs/acre)	Salt (lbs/acre)	Amount
TID Lateral 4	Ground water	0.00	0.00	0.00	22.60	2,916,000.00 *gal*
Application event totals		0.00	0.00	0.00	22.60	

Application date	Application method	Precipitation 24 hours prior	Precipitation during application	Precipitation 24 hours following
09/06/2023	Sidedress	No precipitation	No precipitation	No precipitation

Source description	Material type	N (lbs/acre)	P (lbs/acre)	K (lbs/acre)	Salt (lbs/acre)	Amount
NH3	Solid commercial fertilizer	49.20	0.00	0.00	0.00	
Application event totals		49.20	0.00	0.00	0.00	

Field 3 - 07/11/2023: Corn, silage

Application date	Application method	Precipitation 24 hours prior	Precipitation during application	Precipitation 24 hours following
09/20/2023	Surface (irrigation)	No precipitation	No precipitation	No precipitation

Source description	Material type	N (lbs/acre)	P (lbs/acre)	K (lbs/acre)	Salt (lbs/acre)	Amount
TID Lateral 4	Ground water	0.00	0.00	0.00	15.06	1,944,000.00 *gal*
Application event totals		0.00	0.00	0.00	15.06	

Application date	Application method	Precipitation 24 hours prior	Precipitation during application	Precipitation 24 hours following
10/03/2023	Surface (irrigation)	No precipitation	No precipitation	No precipitation

Source description	Material type	N (lbs/acre)	P (lbs/acre)	K (lbs/acre)	Salt (lbs/acre)	Amount
TID Lateral 4	Ground water	0.00	0.00	0.00	15.06	1,944,000.00 *gal*
Application event totals		0.00	0.00	0.00	15.06	

Field 4 - 07/06/2023: Corn, silage

Field name: Field 4

Crop: Corn, silage

Plant date: 07/06/2023

Application date	Application method	Precipitation 24 hours prior	Precipitation during application	Precipitation 24 hours following
06/29/2023	Surface (irrigation)	No precipitation	No precipitation	No precipitation

Source description	Material type	N (lbs/acre)	P (lbs/acre)	K (lbs/acre)	Salt (lbs/acre)	Amount
Corral Solids	Corral solids	101.07	43.01	264.44	2,473.95	240.00 *ton*
Application event totals		101.07	43.01	264.44	2,473.95	

Application date	Application method	Precipitation 24 hours prior	Precipitation during application	Precipitation 24 hours following
08/10/2023	Surface (irrigation)	No precipitation	No precipitation	No precipitation

Source description	Material type	N (lbs/acre)	P (lbs/acre)	K (lbs/acre)	Salt (lbs/acre)	Amount
TID Lateral 4	Ground water	0.00	0.00	0.00	21.30	3,240,000.00 *gal*
Application event totals		0.00	0.00	0.00	21.30	

Application date	Application method	Precipitation 24 hours prior	Precipitation during application	Precipitation 24 hours following
08/10/2023	Sidedress	No precipitation	No precipitation	No precipitation

Source description	Material type	N (lbs/acre)	P (lbs/acre)	K (lbs/acre)	Salt (lbs/acre)	Amount
NH3	Solid commercial fertilizer	49.20	0.00	0.00	0.00	
Application event totals		49.20	0.00	0.00	0.00	

Field 4 - 07/06/2023: Corn, silage

Application date	Application method	Precipitation 24 hours prior	Precipitation during application	Precipitation 24 hours following
08/24/2023	Surface (irrigation)	No precipitation	No precipitation	No precipitation

Source description	Material type	N (lbs/acre)	P (lbs/acre)	K (lbs/acre)	Salt (lbs/acre)	Amount
TID Lateral 4	Ground water	0.00	0.00	0.00	21.30	3,240,000.00 *gal*
Application event totals		0.00	0.00	0.00	21.30	

Application date	Application method	Precipitation 24 hours prior	Precipitation during application	Precipitation 24 hours following
09/07/2023	Surface (irrigation)	No precipitation	No precipitation	No precipitation

Source description	Material type	N (lbs/acre)	P (lbs/acre)	K (lbs/acre)	Salt (lbs/acre)	Amount
TID Lateral 4	Ground water	0.00	0.00	0.00	21.30	3,240,000.00 *gal*
Application event totals		0.00	0.00	0.00	21.30	

Application date	Application method	Precipitation 24 hours prior	Precipitation during application	Precipitation 24 hours following
09/07/2023	Sidedress	No precipitation	No precipitation	No precipitation

Source description	Material type	N (lbs/acre)	P (lbs/acre)	K (lbs/acre)	Salt (lbs/acre)	Amount
NH3	Solid commercial fertilizer	49.20	0.00	0.00	0.00	
Application event totals		49.20	0.00	0.00	0.00	

Application date	Application method	Precipitation 24 hours prior	Precipitation during application	Precipitation 24 hours following
09/20/2023	Surface (irrigation)	No precipitation	No precipitation	No precipitation

Source description	Material type	N (lbs/acre)	P (lbs/acre)	K (lbs/acre)	Salt (lbs/acre)	Amount
TID Lateral 4	Ground water	0.00	0.00	0.00	21.30	3,240,000.00 *gal*
Application event totals		0.00	0.00	0.00	21.30	

Application date	Application method	Precipitation 24 hours prior	Precipitation during application	Precipitation 24 hours following
10/04/2023	Surface (irrigation)	No precipitation	No precipitation	No precipitation

Source description	Material type	N (lbs/acre)	P (lbs/acre)	K (lbs/acre)	Salt (lbs/acre)	Amount
TID Lateral 4	Ground water	0.00	0.00	0.00	21.30	3,240,000.00 *gal*
Application event totals		0.00	0.00	0.00	21.30	

B. NUTRIENT BUDGET

Field 1 - 07/07/2023: Corn, silage

Field name: Field 1 Crop: Corn, silage Plant date: 07/07/2023

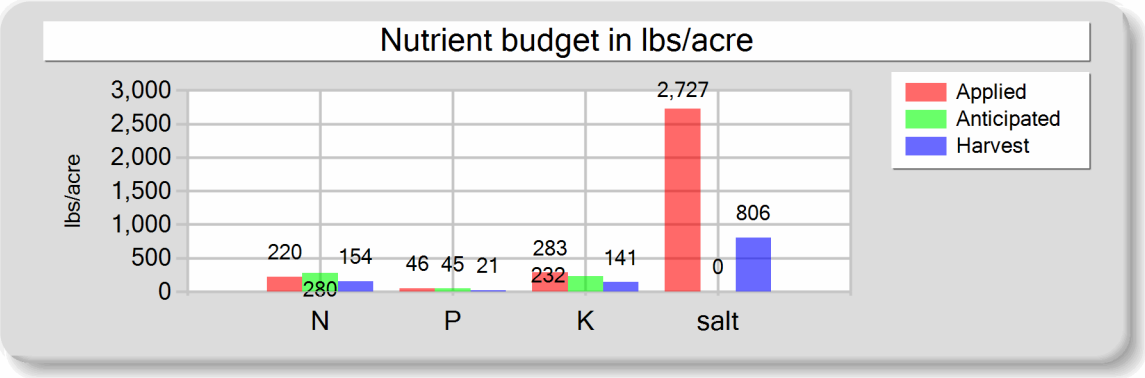

	Total N (lbs/acre)	Total P (lbs/acre)	Total K (lbs/acre)	Total salt (lbs/acre)
Existing soil nutrient content	0.00	0.00	0.00	0.00
Plowdown credit	0.00	0.00	0.00	0.00
Commercial fertilizer / Other	98.40	0.00	0.00	0.00
Dry manure	108.09	46.00	282.80	2,645.75
Process wastewater	0.00	0.00	0.00	0.00
Fresh water	0.00	0.00	0.00	81.23
Atmospheric deposition	14.00	0.00	0.00	0.00
Total nutrients applied	220.49	46.00	282.80	2,726.98
Anticipated crop nutrient removal	280.00	44.80	232.40	0.00
Actual crop nutrient removal	154.46	21.33	140.70	806.06
Nutrient balance	66.04	24.67	142.10	1,920.92
Applied to removed ratio	1.43	2.16	2.01	3.38

Fresh water applied	
16,848,000.00	*gallons*
620.45	*acre-inches*
13.79	*inches/acre*

Process wastewater applied	
0.00	*gallons*
0.00	*acre-inches*
0.00	*inches/acre*

Total harvests for the crop	
1	*harvests*

Field 2 - 07/06/2023: Corn, silage

Field name: Field 2 Crop: Corn, silage Plant date: 07/06/2023

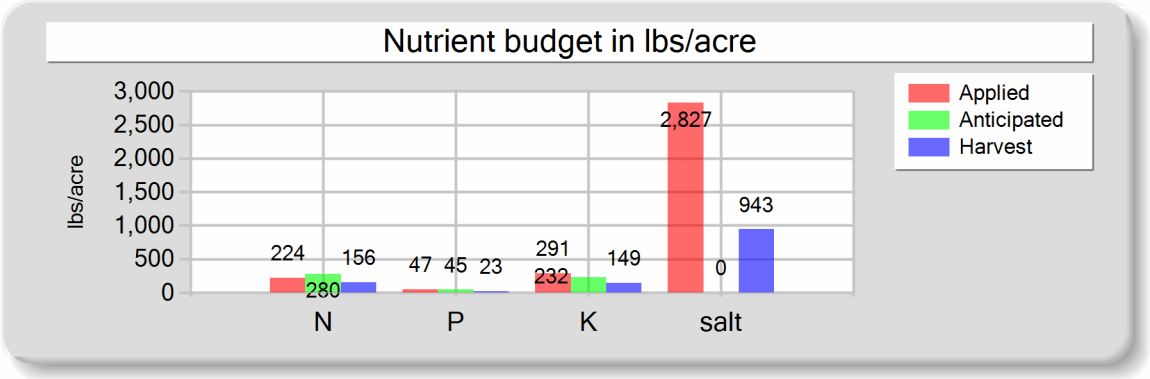

	Total N (lbs/acre)	Total P (lbs/acre)	Total K (lbs/acre)	Total salt (lbs/acre)
Existing soil nutrient content	0.00	0.00	0.00	0.00
Plowdown credit	0.00	0.00	0.00	0.00
Commercial fertilizer / Other	98.40	0.00	0.00	0.00
Dry manure	111.18	47.32	290.88	2,721.34
Process wastewater	0.00	0.00	0.00	0.00
Fresh water	0.00	0.00	0.00	105.45
Atmospheric deposition	14.00	0.00	0.00	0.00
Total nutrients applied	223.58	47.32	290.88	2,826.79
Anticipated crop nutrient removal	280.00	44.80	232.40	0.00
Actual crop nutrient removal	156.38	23.13	148.52	942.64
Nutrient balance	67.20	24.18	142.36	1,884.15
Applied to removed ratio	1.43	2.05	1.96	3.00

Fresh water applied	
14,580,000.00	*gallons*
536.93	*acre-inches*
17.90	*inches/acre*

Process wastewater applied	
0.00	*gallons*
0.00	*acre-inches*
0.00	*inches/acre*

Total harvests for the crop	
1	*harvests*

Field 3 - 07/11/2023: Corn, silage

Field name: Field 3 Crop: Corn, silage Plant date: 07/11/2023

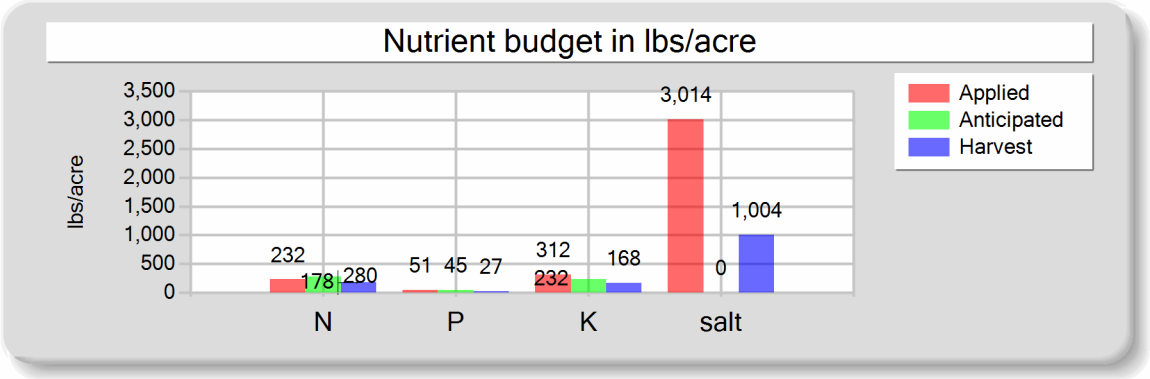

	Total N (lbs/acre)	Total P (lbs/acre)	Total K (lbs/acre)	Total salt (lbs/acre)
Existing soil nutrient content	0.00	0.00	0.00	0.00
Plowdown credit	0.00	0.00	0.00	0.00
Commercial fertilizer / Other	98.40	0.00	0.00	0.00
Dry manure	119.12	50.70	311.66	2,915.73
Process wastewater	0.00	0.00	0.00	0.00
Fresh water	0.00	0.00	0.00	97.92
Atmospheric deposition	14.00	0.00	0.00	0.00
Total nutrients applied	231.52	50.70	311.66	3,013.64
Anticipated crop nutrient removal	280.00	44.80	232.40	0.00
Actual crop nutrient removal	178.38	26.51	167.87	1,004.33
Nutrient balance	53.14	24.19	143.79	2,009.31
Applied to removed ratio	1.30	1.91	1.86	3.00

Fresh water applied	
12,636,000.00	*gallons*
465.34	*acre-inches*
16.62	*inches/acre*

Process wastewater applied	
0.00	*gallons*
0.00	*acre-inches*
0.00	*inches/acre*

Total harvests for the crop	
1	*harvests*

Field 4 - 07/06/2023: Corn, silage

Field name: Field 4 Crop: Corn, silage Plant date: 07/06/2023

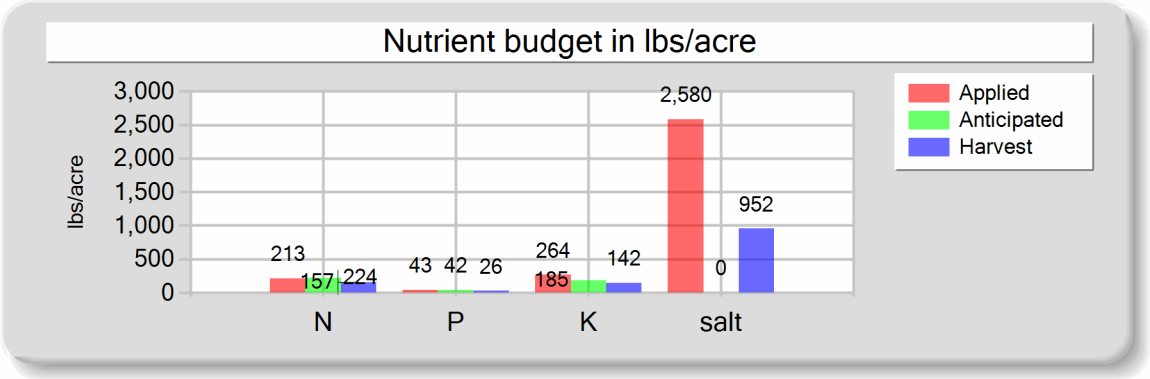

	Total N (lbs/acre)	Total P (lbs/acre)	Total K (lbs/acre)	Total salt (lbs/acre)
Existing soil nutrient content	0.00	0.00	0.00	0.00
Plowdown credit	0.00	0.00	0.00	0.00
Commercial fertilizer / Other	98.40	0.00	0.00	0.00
Dry manure	101.07	43.01	264.44	2,473.95
Process wastewater	0.00	0.00	0.00	0.00
Fresh water	0.00	0.00	0.00	106.51
Atmospheric deposition	14.00	0.00	0.00	0.00
Total nutrients applied	213.47	43.01	264.44	2,580.46
Anticipated crop nutrient removal	224.00	42.00	184.80	0.00
Actual crop nutrient removal	157.01	26.45	142.08	951.81
Nutrient balance	56.46	16.56	122.36	1,628.65
Applied to removed ratio	1.36	1.63	1.86	2.71

Fresh water applied	
16,200,000.00	*gallons*
596.59	*acre-inches*
18.08	*inches/acre*

Process wastewater applied	
0.00	*gallons*
0.00	*acre-inches*
0.00	*inches/acre*

Total harvests for the crop	
1	*harvests*

NUTRIENT ANALYSES

A. MANURE ANALYSES

Manure

Sample and source description: Manure

Sample date: 11/04/2022 Material type: Corral solids Source of analysis: Lab analysis Method of reporting: As-is

Moisture: 59.6 %

	Total N (mg/kg)	Total P (mg/kg)	Total K (mg/kg)	Calcium (mg/kg)	Magnesium (mg/kg)	Sodium (mg/kg)	Sulfur (mg/kg)	Chloride (mg/kg)	Total salt (mg/kg)	TFS (%)
Value	17,200.00	7,320.00	45,000.00							42.10
DL	100.00	100.00	100.00							0.01

B. PROCESS WASTEWATER ANALYSES

2QWW

Sample and source description: 2QWW

Sample date: 06/07/2023 Material type: Process wastewater Source of analysis: Lab analysis pH:

	Kjeldahl-N (mg/L)	NH4-N (mg/L)	NH3-N (mg/L)	Nitrate-N (mg/L)	Total P (mg/L)	Total K (mg/L)	Calcium (mg/L)	Magnes. (mg/L)	Sodium (mg/L)	Bicarb. (mg/L)	Carb. (mg/L)	Sulfate (mg/L)	Chloride (mg/L)	EC (µmhos/cm)	TDS (mg/L)
Value	25.20	5.60	0.00	0.00	6.02	46.00								1,900.00	2,540
DL	0.50	0.50	0.50	0.50	0.50	0.50								1.00	10

C. FRESH WATER ANALYSES

TID Lateral 4

Fresh Water

Sample description: Fresh Water

Sample date: 07/25/2023 Source of analysis: Lab analysis

	Total N (mg/L)	NH4-N (mg/L)	Nitrate-N (mg/L)	Calcium (mg/L)	Magnesium (mg/L)	Sodium (mg/L)	Bicarbonate (mg/L)	Carbonate (mg/L)	Sulfate (mg/L)	Chloride (mg/L)	EC (µmhos/cm)	TDS (mg/L)
Value	0.00	0.00	0.00								30.00	26
DL	0.50	0.50	0.50								1.00	10

D. SOIL ANALYSES

No soil analyses entered.

E. PLANT TISSUE ANALYSES

Field 1 - 07/07/2023: Corn, silage

Corn Silage

Sample and source description: Corn Silage

Sample date: 11/10/2023 Source of analysis: Lab analysis Method of reporting: As-is

Moisture: 59.6 %

	Total N (mg/kg)	Total P (mg/kg)	Total K (mg/kg)	Total salt (mg/kg)	TFS (%)
Value	4,490.00	620.00	4,090.00		5.80
DL	100.00	100.00	100.00		0.01

Field 2 - 07/06/2023: Corn, silage

Corn Silage

Sample and source description: Corn Silage

Sample date: 11/10/2023 Source of analysis: Lab analysis Method of reporting: As-is

Moisture: 66.6 %

	Total N (mg/kg)	Total P (mg/kg)	Total K (mg/kg)	Total salt (mg/kg)	TFS (%)
Value	3,380.00	500.00	3,210.00		6.10
DL	100.00	100.00	100.00		0.01

Field 3 - 07/11/2023: Corn, silage

Field 3 - 07/11/2023: Corn, silage

Corn Silage

Sample and source description: Corn Silage

Sample date: 11/10/2023 Source of analysis: Lab analysis Method of reporting: As-is

Moisture: 62.7 %

	Total N (mg/kg)	Total P (mg/kg)	Total K (mg/kg)	Total salt (mg/kg)	TFS (%)
Value	4,240.00	630.00	3,990.00		6.40
DL	100.00	100.00	100.00		0.01

Field 4 - 07/06/2023: Corn, silage

Corn Silage

Sample and source description: Corn Silage

Sample date: 11/10/2023 Source of analysis: Lab analysis Method of reporting: As-is

Moisture: 66.2 %

	Total N (mg/kg)	Total P (mg/kg)	Total K (mg/kg)	Total salt (mg/kg)	TFS (%)
Value	3,680.00	620.00	3,330.00		6.60
DL	100.00	100.00	100.00		0.01

F. SUBSURFACE (TILE) DRAINAGE ANALYSES

No subsurface (tile) drainage analyses entered.

NUTRIENT APPLICATIONS, POTENTIAL REMOVAL, AND BALANCE

A. SUMMARY OF NUTRIENT APPLICATIONS, POTENTIAL REMOVAL, AND BALANCE

	Total N (lbs)	Total P (lbs)	Total K (lbs)	Total salt (lbs)
Existing soil nutrient content	0.00	0.00	0.00	0.00
Plowdown credit	0.00	0.00	0.00	0.00
Commercial fertilizer / Other	13,382.40	0.00	0.00	0.00
Dry manure	14,870.43	6,328.58	38,905.20	363,979.76
Process wastewater	0.00	0.00	0.00	0.00
Fresh water	0.00	0.00	0.00	13,075.48
Atmospheric deposition	1,904.00	0.00	0.00	0.00
Total nutrients applied	30,156.83	6,328.58	38,905.20	377,055.24
Anticipated crop nutrient removal	36,232.00	6,000.40	30,035.60	0.00
Actual crop nutrient removal	21,818.12	3,268.86	20,175.66	124,082.73
Nutrient balance	8,338.71	3,059.72	18,729.54	252,972.51
Applied to removed ratio	1.38	1.94	1.93	3.04

B. POUNDS OF NUTRIENT APPLIED VS. CROP REMOVAL

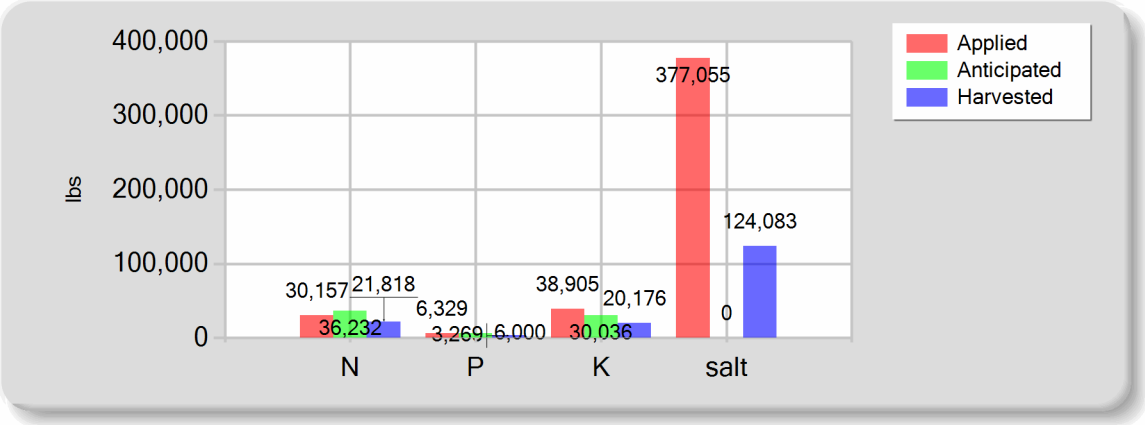

C. POUNDS OF NUTRIENT APPLIED BY MATERIAL TYPE

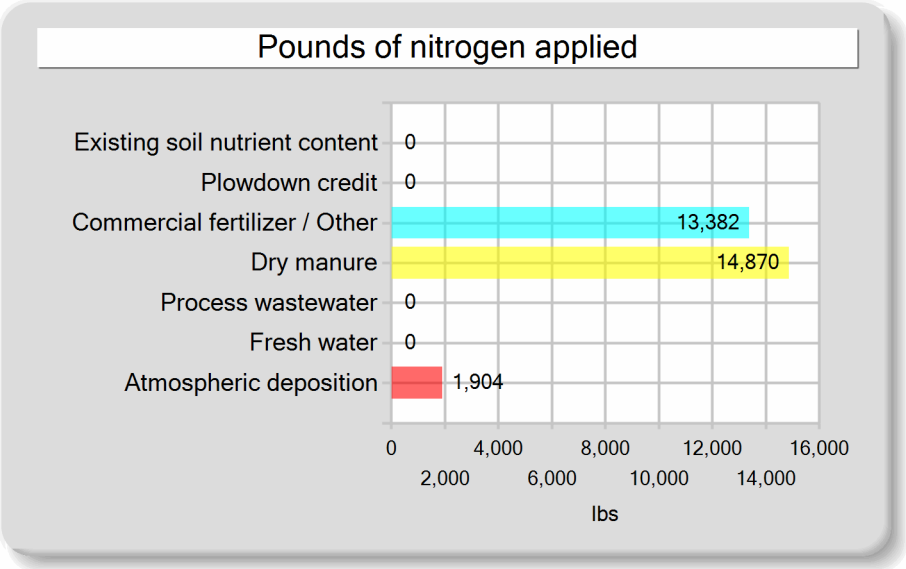

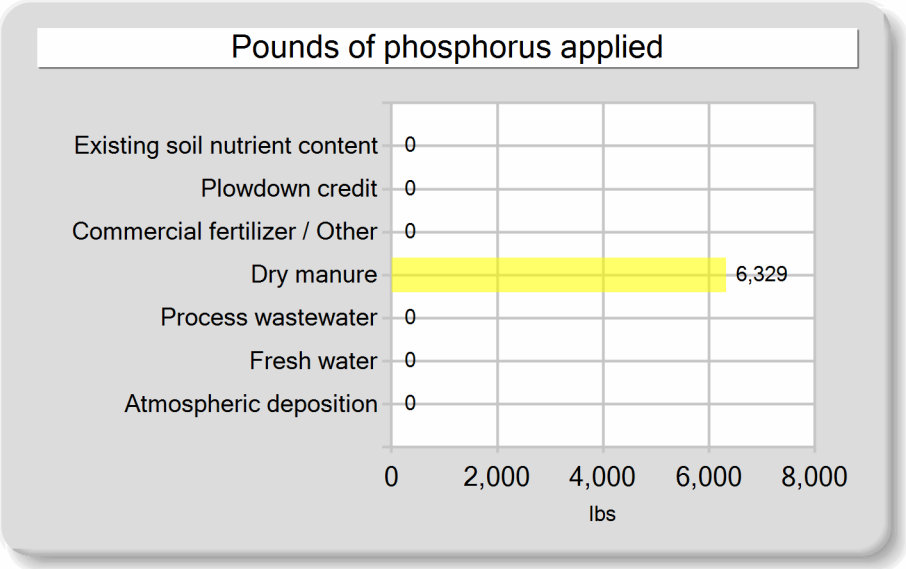

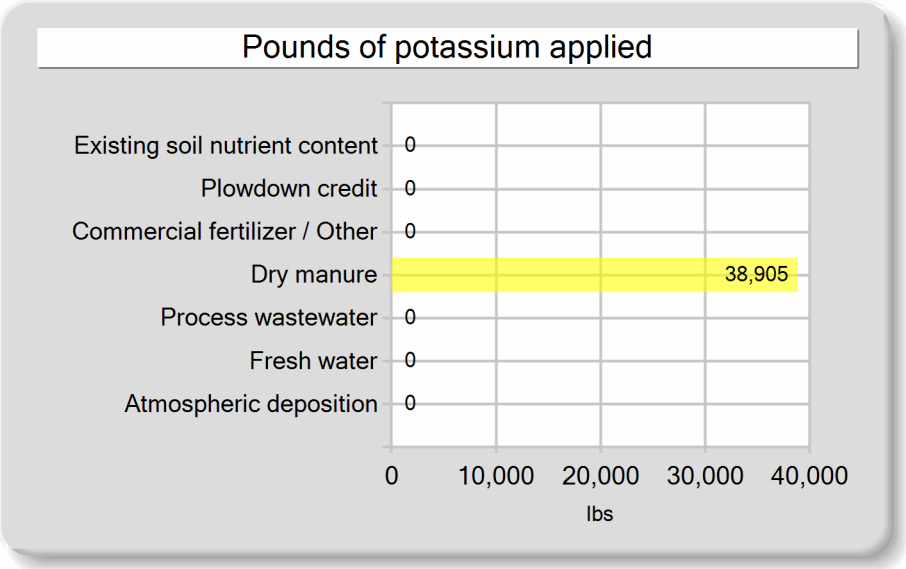

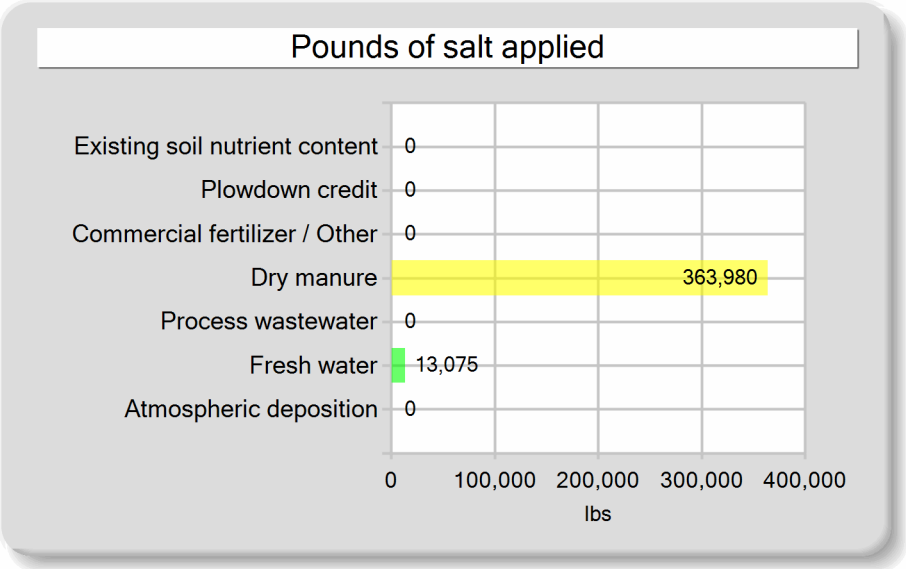

EXCEPTION REPORTING

A. MANURE, PROCESS WASTEWATER, AND OTHER DAIRY WASTE DISCHARGES

The following is a summary of all manure and process wastewater discharges from the production area to surface water or to land areas (land application areas or otherwise) when not in accordance with the facility's Nutrient Management Plan.

No manure or process wastewater discharges occurred during the reporting period.

B. STORM WATER DISCHARGES

The following is a summary of all storm water discharges from the production area to surface water during the reporting period when not in accordance with the facility 's Nutrient Management Plan.

No stormwater discharges occurred during the reporting period.

C. LAND APPLICATION AREA TO SURFACE WATER DISCHARGES

The following is a summary of all discharges from the land application area to surface water that have occurred during the reporting period when not in accordance with the facility's Nutrient Management Plan.

No land application area to surface water discharges occurred during the reporting period.

NUTRIENT MANAGEMENT PLAN AND EXPORT AGREEMENT STATEMENTS

A. NUTRIENT MANAGEMENT PLAN STATEMENTS

Was the facility's NMP updated in the reporting period?	No
Was the facility's NMP developed by a certified nutrient management planner (specialist) as specified in Attachment C of the General Order?	Yes
Was the facility's NMP approved by a certified nutrient management planner (specialist) as specified in Attachment C of the General Order?	Yes

B. EXPORT AGREEMENT STATEMENT

Are there any written agreements with third parties to receive manure or process wastewater that are new or were revised within the reporting period?	No

ADDITIONAL NOTES

A. NOTES

No notes entered for this annual report.

CERTIFICATION

A. OWNER AND/OR OPERATOR CERTIFICATION

I certify under penalty of law that I have personally examined and am familiar with the information submitted in this document and all attachments and that, based on my inquiry of those individuals immediately responsible for obtaining the information, I believe that the information is true, accurate, and complete. I am aware that there are significant penalties for submitting false information, including the possibility of fine and imprisonment.

	Albert Mendes (Apr 19, 2024 04:46 PDT)
SIGNATURE OF OWNER OF FACILITY	SIGNATURE OF OPERATOR OF FACILITY
River Partners	Albert Mendes
PRINT OR TYPE NAME	PRINT OR TYPE NAME
	Apr 19, 2024
DATE	DATE

ATTACHMENTS

A. REQUIRED ATTACHMENTS

The following lists the required documents that should be attached to the Annual Report when submitted .

Annual Dairy Facility Assessment
Provide an Annual Dairy Facility Assessment (an update to the Preliminary Dairy Facility Assessment in Attachment A) for each reporting period. On the PDFA Final page, click on the ADFA Report button to generate an ADFA report after updating information as needed .

Manure/Process Wastewater Tracking Manifests
Provide copies of all manure/process wastewater tracking manifests for the reporting period, signed by both the owner/operator and the hauler.

Corrective Actions Documents
Provide records documenting any corrective actions taken to correct deficiencies noted as a result of the inspections required in the Monitoring Requirements of the General Order. Deficiencies not corrected in 30 days must be accompanied by an explanation of the factors preventing immediate correction.

Groundwater Monitoring
Dischargers that monitor supply wells or subsurface (tile) drainage systems, or that have monitoring well systems must submit monitoring results as directed in the General Order, Groundwater Reporting Section starting on page MRP-13.

Storm Water Monitoring
Dischargers that are required to monitor storm water more frequently than required in the General Order must submit monitoring results as directed in the General Order, Storm Water Reporting Section on page MRP-14.

Denele Analytical, Inc.

1232 South Ave. Turlock, CA 95380
Phone (209) 634-9055 - Fax (209) 634-9057

www.denelelabs.com

Compliance Analysis Report

Customer
R P Feedlot
1100 Ruble Rd.
Crowslanding, CA 95313

Grower

Consultant:
F & R Ag Services
2857 Geer Rd. Ste A
Turlock, CA 95382

PURCHASE ORDER: Albert Mendes
RECEIVED DATE: 12/18/23 2:05 PM
SUBMITTED BY:
ANALYZED DATE: 12/22/23

Irrigation/ Ground Water (H1)
SOURCE: Well Water

Sample ID	Lab ID	Analyte	Method Ref	Result	Units
#1 Well	T0356008A	Electrical Conductivity (EC)	EPA 120.1 and	2.25	mmhos/cm
		Nitrate Nitrogen (NO3-N)	EPA 353.2	< 0.140	mg/L
		Ammonia Nitrogen (NH3-N)	SM 4500-NH3 C-2011	< 0.500	mg/L
		Soluble Salts (SALT-SOL)	Calculation	1440	mg/L

Laboratory Quality Control	LCS %	MS %	MSD %	RPD %
Ammonia Nitrogen (NH3-N)	105	102 (null)	102 (null)	0.000
Nitrate Nitrogen (NO3-N)				

The warranty of Denele Analytical is limited to the accuracy of the analyses of the samples as received. Denele Analytical assumes no responsibility for which the customer uses our test results, nor liability for any other warranties, express or implied. These terms and conditions shall supercede any conflicting terms and conditions submitted on customer purchase orders or other forms submitted for work.

ELAP Certificate No.: 2714

Denele Analytical, Inc.

1232 South Ave. Turlock, CA 95380
Phone (209) 634-9055 - Fax (209) 634-9057

www.denelelabs.com

Compliance Analysis Report

Customer
R P Feedlot
1100 Ruble Rd.
Crowslanding, CA 95313

Grower

Consultant:
F & R Ag Services
2857 Geer Rd. Ste A
Turlock, CA 95382

PURCHASE ORDER: Albert Mendes
RECEIVED DATE: 12/18/232:05 PM
SUBMITTED BY:
ANALYZED DATE: 12/22/23

Irrigation/ Ground Water (H1)
SOURCE: Well Water

Sample ID	Lab ID	Analyte	Method Ref	Result	Units
#2 Well	T0356008B	Electrical Conductivity (EC)	EPA 120.1 and	2.23	mmhos/cm
		Nitrate Nitrogen (NO3-N)	EPA 353.2	< 0.140	mg/L
		Ammonia Nitrogen (NH3-N)	SM 4500-NH3 C-2011	< 0.500	mg/L
		Soluble Salts (SALT-SOL)	Calculation	1430	mg/L

Laboratory Quality Control	LCS %	MS %	MSD %	RPD %
Ammonia Nitrogen (NH3-N)	105	102 (null)	102 (null)	0.000
Nitrate Nitrogen (NO3-N)				

The warranty of Denele Analytical is limited to the accuracy of the analyses of the samples as received. Denele Analytical assumes no responsibility for which the customer uses our test results, nor liability for any other warranties, express or implied. These terms and conditions shall supercede any conflicting terms and conditions submitted on customer purchase orders or other forms submitted for work.

Denele Analytical, Inc.

1232 South Ave. Turlock, CA 95380
Phone (209) 634-9055 - Fax (209) 634-9057

www.denelelabs.com

Compliance Analysis Report

Customer
R P Feedlot
1100 Ruble Rd.
Crowslanding, CA 95313

Grower

Consultant:
F & R Ag Services
2857 Geer Rd. Ste A
Turlock, CA 95382

PURCHASE ORDER: Albert Mendes
RECEIVED DATE: 12/18/23 2:05 PM
SUBMITTED BY:
ANALYZED DATE: 12/22/23

Irrigation/ Ground Water (H1)
SOURCE: Well Water

Sample ID	Lab ID	Analyte	Method Ref	Result	Units
#3 Well	T0356008C	Electrical Conductivity (EC)	EPA 120.1 and	2.24	mmhos/cm
		Nitrate Nitrogen (NO3-N)	EPA 353.2	< 0.140	mg/L
		Ammonia Nitrogen (NH3-N)	SM 4500-NH3 C-2011	< 0.500	mg/L
		Soluble Salts (SALT-SOL)	Calculation	1430	mg/L

Laboratory Quality Control	LCS %	MS %	MSD %	RPD %
Ammonia Nitrogen (NH3-N)	105	102 (null)	102 (null)	0.000
Nitrate Nitrogen (NO3-N)				

The warranty of Denele Analytical is limited to the accuracy of the analyses of the samples as received. Denele Analytical assumes no responsibility for which the customer uses our test results, nor liability for any other warranties, express or implied. These terms and conditions shall supercede any conflicting terms and conditions submitted on customer purchase orders or other forms submitted for work.

Denele Analytical, Inc.

1232 South Ave. Turlock, CA 95380
Phone (209) 634-9055 - Fax (209) 634-9057

www.denelelabs.com

Compliance Analysis Report

Customer
R P Feedlot
1100 Ruble Rd.
Crowslanding, CA 95313

Grower

Consultant:
F & R Ag Services
2857 Geer Rd. Ste A
Turlock, CA 95382

PURCHASE ORDER: Albert Mendes
RECEIVED DATE: 12/18/23 2:05 PM
SUBMITTED BY:
ANALYZED DATE: 12/22/23

Irrigation/ Ground Water (H1)
SOURCE: Well Water

Sample ID	Lab ID	Analyte	Method Ref	Result	Units
#4 Well	T0356008D	Electrical Conductivity (EC)	EPA 120.1 and	2.47	mmhos/cm
		Nitrate Nitrogen (NO3-N)	EPA 353.2	< 0.140	mg/L
		Ammonia Nitrogen (NH3-N)	SM 4500-NH3 C-2011	< 0.500	mg/L
		Soluble Salts (SALT-SOL)	Calculation	1580	mg/L

Laboratory Quality Control	LCS %	MS %	MSD %	RPD %
Ammonia Nitrogen (NH3-N)	105	102 (null)	102 (null)	0.000
Nitrate Nitrogen (NO3-N)				

The warranty of Denele Analytical is limited to the accuracy of the analyses of the samples as received. Denele Analytical assumes no responsibility for which the customer uses our test results, nor liability for any other warranties, express or implied. These terms and conditions shall supercede any conflicting terms and conditions submitted on customer purchase orders or other forms submitted for work.

DENELE ANALYTICAL, INC.

865 S. KILROY
TURLOCK, CA 95380

PH# 209-634-9055 FAX# 209-634-9057

DAIRY COMPLIANCE

Client: RP Feedlot / Albert Mendes Dairy
Mailing address: 1100 Bubler Rd
(not facility address)
Phone#:

Authorized Copy Released To: F & R Ag

Sampled By:
Project ID:

ANALYSIS TO BE COMPLETED:

IRRIGATION/GROUND WATER
- **H1** EC*, NO3-N, NH4-N*
- **H6** EC, TN, TDS
- **H7** Combination of H1 & H6
- **H14** EC, NO3-N, NH4-N, Ca, Mg, Na, Bicarb Carb, SO4, Cl, TDS

PROCESS WASTE WATER
- **H3** EC*, NH4-N, TKN, TP, K, TDS
- ~~**H4** EC*, NO3-N, NH4-N, TKN, TP, K, TDS~~
- **H5** Ca, Mg, Na, Bicarb, Carb, SO4, Cl
- **H8** Combination of H3 &H5
- **H9** Combination of H4 &H5

TILE DRAIN
- **H2** EC*, NO3-N, TP, NH4-N*, TDS

** Required Field Measurement*

___ (Check here if performed)

DISCHARGE WATER
- **E1** EC*, Temp*, pH*, NO3-N, NH4-N, TKN, TP, K, TDS, Dissolved Oxygen*, BOD 5, TSS, Total & Fecal Coliforms
- **E2** EC,* Temp*, pH*, NO3-N, NH4-N*, Turbidity, TP, Dissolved Oxygen*, Total & Fecal Coliforms
- **E3** EC*, Temp*, pH*, NO3-N, NH4-N*, TP, Total & Fecal Coliforms
- **E4** EC*, Temp*, pH*, NO3-N, NH4-N*, Turbidity, TP, Total & Fecal Coliform

MANURE
- ~~**M1** % Moisture~~
- **M3** TN TP, K, % Moisture
- **M4** Ca, Mg, Na, Bicarb, Carb, SO4, Cl, Ash
- **M7** Combination of M3 & M4

PLANT TISSUE
- **F18** % Moisture, Ash, TN, P, K, DM and as received
- **F18+** % Moisture, Ash, TN, P, K, DM and as received (Package also includes NIR DCAD)
- **F19+** % Moisture, TN (Package includes complete plant tissue analysis)

SOIL
- **K3** Soluble Phosphorus
- **K4** 1ft NO3, Organic Matter
- **K5** Pre-Plant (2ft NO3), Fall (1-2ft NO3), Fall (2-3ft NO3)
- **K6** 0-1ft EC, NO3, Soluble P, K, Organic Matter
- **K7** Combination of K3 & K4
- **K8** Combination of K3 & K5

	Date Collected	Time Collected	Sample ID	Description	Temp	Well Purge	H1	H3	M3	F18	OTHER
1	12-17	11:30	#1 Well		16.4°		X				
2		11:30	#2 Well		16.4°		X				
3		11:35	#3 Well		16.4		X				
4		11:40	#4 Well		16.2°		X				
5											
6											
7											
8											
9											
10											

Analysis

CHAIN OF CUSTODY RECORDING

	Signature	Company	Received Date & Time	Relinquished Date & Time	(LABORATORY USE ONLY) Logged in By:	LABORATORY NUMBER
1st						
2nd		DENELE ANALYTICAL, INC.	12/18/23 2:05			T0356008

RP Feedlot 2023 Annual Report Complete

Final Audit Report 2024-04-19

Created:	2024-04-17
By:	Joe Ramos (jramos@fragservices.com)
Status:	Signed
Transaction ID:	CBJCHBCAABAAafuAUJs9XaOnm5FMBWw1Ov1A4poDz0b4

"RP Feedlot 2023 Annual Report Complete" History

Document created by Joe Ramos (jramos@fragservices.com)
2024-04-17 - 11:40:21 PM GMT

Document emailed to bertm55@msn.com for signature
2024-04-17 - 11:41:52 PM GMT

Email viewed by bertm55@msn.com
2024-04-19 - 11:45:45 AM GMT

Signer bertm55@msn.com entered name at signing as Albert Mendes
2024-04-19 - 11:46:41 AM GMT

Document e-signed by Albert Mendes (bertm55@msn.com)
Signature Date: 2024-04-19 - 11:46:43 AM GMT - Time Source: server

Agreement completed.
2024-04-19 - 11:46:43 AM GMT

Adobe Acrobat Sign