Annual Report - General Order No. R5-2007-0035
Reporting period 01/01/2023 to 12/31/2023.

DAIRY FACILITY INFORMATION

A. NAME OF DAIRY OR BUSINESS OPERATING THE DAIRY: Silva Brothers Dairy

Physical address of dairy:

Number and Street	City	County	Zip Code
12997 E Peltier RD	Acampo	San Joaquin	95220

Street and nearest cross street (if no address):

Date facility was originally placed in operation: 01/01/1900

Regional Water Quality Control Board Basin Plan designation: San Joaquin River Basin

County Assessor Parcel Number(s) for dairy facility:

X007-X280-XX11-XXXX X007-X280-XX41-XXXX

B. OPERATORS

Silva, James

Operator name: Silva, James

Telephone no.: Landline: ; Cellular: (209) 321-1318

Mailing Address Number and Street	City	State	Zip Code
22600 PEARL RD	Acampo	CA	95220

Silva, Joe

Operator name: Silva, Joe

Telephone no.: Landline: (209) 334-2914; Cellular: (209) 607-7197

Mailing Address Number and Street	City	State	Zip Code
12997 E Peltier RD	Acampo	CA	95220

This operator is responsible for paying permit fees.

Silva, Tony

Operator name: Silva, Tony

Telephone no.: Landline: (209) 334-2914; Cellular:

Mailing Address Number and Street	City	State	Zip Code
12997 E Peltier RD	Acampo	CA	95220

C. OWNERS

Silva, Joe

Legal owner name:	Silva, Joe	Telephone no.:	(209) 334-2914	(209) 607-7197
			Landline	Cellular
12997 E Peltier RD	Acampo		CA	95220
Mailing Address Number and Street	City		State	Zip Code

This owner is responsible for paying permit fees.

Silva, Tony

Legal owner name:	Silva, Tony	Telephone no.:	(209) 334-2914	
			Landline	Cellular
12997 E Peltier RD	Acampo		CA	95220
Mailing Address Number and Street	City		State	Zip Code

AVAILABLE NUTRIENTS

A. HERD INFORMATION

	Milk Cows	Dry Cows	Bred Heifers (15-24 mo.)	Heifers (7-14 mo. to breeding)	Calves (4-6 mo.)	Calves (0-3 mo.)
Number open confinement	0	0	0	105	85	50
Number under roof	950	145	35	0	0	0
Maximum number	975	150	35	110	85	50
Average number	950	145	35	108	85	50
Avg live weight (lbs)	1,400	1,450	1,000	700		

Predominant milk cow breed: Holstein

Average milk production: 70 *pounds per cow per day*

B. MANURE GENERATED

Total manure excreted by the herd: 28,343.99 *tons per reporting period*

Total nitrogen from manure: 365,542.79 *lbs per reporting period*

After ammonia losses (30% loss applied): 255,879.95 *lbs per reporting period*

Total phosphorus from manure: 60,216.39 *lbs per reporting period*

Total potassium from manure: 181,933.77 *lbs per reporting period*

Total salt from manure: 480,650.25 *lbs per reporting period*

C. PROCESS WASTEWATER GENERATED

Process wastewater generated: 18,842,415 *gallons*

Total nitrogen generated: 63,156.83 *lbs*

Total phosphorus generated: 8,702.83 *lbs*

Total potassium generated: 114,533.47 *lbs*

Total salt generated: 1,016,121.73 *lbs*

	13,241,290	*gallons applied*
+	5,601,125	*gallons exported*
-	0	*gallons imported*
=	18,842,415	*gallons generated*

D. FRESH WATER SOURCES

Source Description	Type
IW F4	Ground water
IW Tony's	Ground water

E. SUBSURFACE (TILE) DRAINAGE SOURCES

No subsurface (tile) drainage sources entered.

F. NUTRIENT IMPORTS

No dry manure nutrient imports entered.

No process wastewater nutrient imports entered.

Date	Material type / Description	Quantity	Reporting basis	Moisture (%)	N (%)	P (%)	K (%)	Salt (%)
04/30/2023	Solid commercial fertilizer *UN 32*	2.17 *ton*	Dry-weight	0.1	32.000000	0.000000	0.000000	0.000000

Material type	Total N (lbs)	Total P (lbs)	Total K (lbs)	Total salt (lbs)
Commercial fertilizer / Other	1,387.41	0.00	0.00	0.00
Dry manure	0.00	0.00	0.00	0.00
Process wastewater	0.00	0.00	0.00	0.00
Total imports for all materials	1,387.41	0.00	0.00	0.00

G. NUTRIENT EXPORTS

Date	Material type	Quantity	Reporting basis	Moisture (%)	Density (lbs/cu ft)	N (mg/kg)	P (mg/kg)	K (mg/kg)	Salt (mg/kg)	TFS (%)
04/22/2023	Corral solids	640.00 *ton*	Dry-weight	58.1		27,500.00	14,300.00	50,500.00		27.60
04/30/2023	Corral solids	300.00 *ton*	Dry-weight	58.1		27,500.00	14,300.00	50,500.00		27.60
05/02/2023	Separator solids	840.00 *ton*	Dry-weight	77.0		15,200.00	3,300.00	15,800.00		7.86
10/02/2023	Corral solids	2,350.00 *ton*	Dry-weight	60.4		30,400.00	10,400.00	42,500.00		22.20
10/06/2023	Separator solids	1,200.00 *ton*	Dry-weight	73.4		19,200.00	2,830.00	9,000.00		8.04
10/15/2023	Corral solids	550.00 *ton*	Dry-weight	60.4		30,400.00	10,400.00	42,500.00		22.20

Date	Material type	Quantity	Kjeldahl-N (mg/L)	Ammonium-N (mg/L)	Ammonia-N (mg/L)	Nitrate-N (mg/L)	P (mg/L)	K (mg/L)	EC (µmhos/cm)	TDS (mg/L)
06/10/2023	Process wastewater	5,601,125.00 *gal*	372.00	213.00	0.00	0.00	50.70	623.00		8,200

Material type	Total N (lbs)	Total P (lbs)	Total K (lbs)	Total salt (lbs)
Dry manure	109,615.58	38,232.91	149,244.58	808,998.72
Process wastewater	17,387.80	2,369.79	29,119.88	383,279.38
Total exports for all materials	127,003.38	40,602.70	178,364.46	1,192,278.10

APPLICATION AREA

A. LIST OF LAND APPLICATION AREAS

Field name	Controlled acres	Cropable acres	Total harvests	Type of waste applied	Parcel number
Field 1	24	24	2	process wastewater	X007-X280-XX23-XXXX
Field 2	15	15	2	process wastewater	X007-X280-XX23-XXXX
Field 3	17	17	2	process wastewater	X007-X280-XX41-XXXX
Field 4	12	12	2	process wastewater	X007-X280-XX11-XXXX X007-X280-XX41-XXXX
Field 5	18	18	2	process wastewater	X007-X280-XX11-XXXX
Field 6	22	22	2	manure	X017-X260-XX43-XXXX
Field 7	22	22	2	process wastewater	X007-X280-XX48-XXXX X007-X280-XX49-XXXX X007-X280-XX50-XXXX X007-X280-XX53-XXXX
Field 8	31	31	1	none	X017-X260-XX43-XXXX
Totals for areas that were used for application	130	130	14		
Totals for areas that were not used for application	31	31	1		
Land application area totals	161	161	15		

B. CROPS AND HARVESTS

Field 1

Field name: Field 1

10/30/2022: Ryegrass, hay

Crop: Ryegrass, hay Acres planted: 24 Plant date: 10/30/2022

Harvest date	Yield	Reporting basis	Density (lbs/cu ft)	Moisture (%)	N (mg/kg)	P (mg/kg)	K (mg/kg)	Salt (mg/kg)	TFS (%)
05/10/2023	246.20 *ton*	As-is		47.9	7,350.00	1,180.00	12,400.00		8.56

	Yield (tons/acre)	Total N (lbs/acre)	Total P (lbs/acre)	Total K (lbs/acre)	Salt (lbs/acre)
Anticipated harvest content	13.00	130.00	20.80	107.90	0.00
Total actual harvest content	10.26	150.80	24.21	254.41	914.99

Field 1

06/12/2023: Corn, silage

Crop: Corn, silage Acres planted: 24 Plant date: 06/12/2023

Harvest date	Yield	Reporting basis	Density (lbs/cu ft)	Moisture (%)	N (mg/kg)	P (mg/kg)	K (mg/kg)	Salt (mg/kg)	TFS (%)
10/05/2023	621.30 *ton*	As-is		71.4	4,830.00	610.00	9,620.00		12.80

	Yield (tons/acre)	Total N (lbs/acre)	Total P (lbs/acre)	Total K (lbs/acre)	Salt (lbs/acre)
Anticipated harvest content	25.00	200.00	37.50	165.00	0.00
Total actual harvest content	25.89	250.07	31.58	498.08	1,895.38

Field 2

Field name: Field 2

10/30/2022: Ryegrass, hay

Crop: Ryegrass, hay Acres planted: 15 Plant date: 10/30/2022

Harvest date	Yield	Reporting basis	Density (lbs/cu ft)	Moisture (%)	N (mg/kg)	P (mg/kg)	K (mg/kg)	Salt (mg/kg)	TFS (%)
05/03/2023	221.30 *ton*	As-is		72.8	5,220.00	980.00	10,000.00		13.50

	Yield (tons/acre)	Total N (lbs/acre)	Total P (lbs/acre)	Total K (lbs/acre)	Salt (lbs/acre)
Anticipated harvest content	13.00	130.00	20.80	107.90	0.00
Total actual harvest content	14.75	154.02	28.92	295.07	1,083.48

06/13/2023: Corn, silage

Crop: Corn, silage Acres planted: 15 Plant date: 06/13/2023

Harvest date	Yield	Reporting basis	Density (lbs/cu ft)	Moisture (%)	N (mg/kg)	P (mg/kg)	K (mg/kg)	Salt (mg/kg)	TFS (%)
10/05/2023	374.50 *ton*	As-is		69.4	4,380.00	530.00	9,600.00		12.10

	Yield (tons/acre)	Total N (lbs/acre)	Total P (lbs/acre)	Total K (lbs/acre)	Salt (lbs/acre)
Anticipated harvest content	25.00	200.00	37.50	165.00	0.00
Total actual harvest content	24.97	218.71	26.46	479.36	1,848.83

Field 3

Field name: Field 3

10/29/2022: Oats, silage-soft dough

Crop: Oats, silage-soft dough Acres planted: 17 Plant date: 10/29/2022

Harvest date	Yield	Reporting basis	Density (lbs/cu ft)	Moisture (%)	N (mg/kg)	P (mg/kg)	K (mg/kg)	Salt (mg/kg)	TFS (%)
05/05/2023	264.00 *ton*	As-is		70.4	5,210.00	880.00	8,290.00		10.30

	Yield (tons/acre)	Total N (lbs/acre)	Total P (lbs/acre)	Total K (lbs/acre)	Salt (lbs/acre)
Anticipated harvest content	14.00	140.00	22.40	116.20	0.00
Total actual harvest content	15.53	161.82	27.33	257.48	946.92

06/14/2023: Corn, silage

Crop: Corn, silage Acres planted: 17 Plant date: 06/14/2023

Harvest date	Yield	Reporting basis	Density (lbs/cu ft)	Moisture (%)	N (mg/kg)	P (mg/kg)	K (mg/kg)	Salt (mg/kg)	TFS (%)
10/05/2023	418.20 *ton*	As-is		67.8	4,440.00	680.00	4,860.00		5.80

	Yield (tons/acre)	Total N (lbs/acre)	Total P (lbs/acre)	Total K (lbs/acre)	Salt (lbs/acre)
Anticipated harvest content	25.00	200.00	37.50	165.00	0.00
Total actual harvest content	24.60	218.45	33.46	239.11	918.86

Field 4

Field name: Field 4

10/29/2022: Oats, silage-soft dough

Crop: Oats, silage-soft dough Acres planted: 12 Plant date: 10/29/2022

Harvest date	Yield	Reporting basis	Density (lbs/cu ft)	Moisture (%)	N (mg/kg)	P (mg/kg)	K (mg/kg)	Salt (mg/kg)	TFS (%)
05/08/2023	187.50 *ton*	As-is		59.0	4,670.00	1,020.00	9,770.00		8.30

	Yield (tons/acre)	Total N (lbs/acre)	Total P (lbs/acre)	Total K (lbs/acre)	Salt (lbs/acre)
Anticipated harvest content	14.00	140.00	22.40	116.20	0.00
Total actual harvest content	15.63	145.94	31.88	305.31	1,063.44

Field 4

06/14/2023: Corn, silage

Crop: Corn, silage Acres planted: 12 Plant date: 06/14/2023

Harvest date	Yield	Reporting basis	Density (lbs/cu ft)	Moisture (%)	N (mg/kg)	P (mg/kg)	K (mg/kg)	Salt (mg/kg)	TFS (%)
10/05/2023	301.70 *ton*	As-is		70.6	4,470.00	560.00	9,470.00		11.20

	Yield (tons/acre)	Total N (lbs/acre)	Total P (lbs/acre)	Total K (lbs/acre)	Salt (lbs/acre)
Anticipated harvest content	25.00	200.00	37.50	165.00	0.00
Total actual harvest content	25.14	224.77	28.16	476.18	1,655.73

Field 5

Field name: Field 5

10/30/2022: Ryegrass, hay

Crop: Ryegrass, hay Acres planted: 18 Plant date: 10/30/2022

Harvest date	Yield	Reporting basis	Density (lbs/cu ft)	Moisture (%)	N (mg/kg)	P (mg/kg)	K (mg/kg)	Salt (mg/kg)	TFS (%)
05/03/2023	252.00 *ton*	As-is		64.0	4,180.00	850.00	8,630.00		10.70

	Yield (tons/acre)	Total N (lbs/acre)	Total P (lbs/acre)	Total K (lbs/acre)	Salt (lbs/acre)
Anticipated harvest content	13.00	130.00	20.80	107.90	0.00
Total actual harvest content	14.00	117.04	23.80	241.64	1,078.56

06/15/2023: Corn, silage

Crop: Corn, silage Acres planted: 18 Plant date: 06/15/2023

Harvest date	Yield	Reporting basis	Density (lbs/cu ft)	Moisture (%)	N (mg/kg)	P (mg/kg)	K (mg/kg)	Salt (mg/kg)	TFS (%)
10/04/2023	446.40 *ton*	As-is		75.2	4,860.00	700.00	8,980.00		13.90

	Yield (tons/acre)	Total N (lbs/acre)	Total P (lbs/acre)	Total K (lbs/acre)	Salt (lbs/acre)
Anticipated harvest content	25.00	200.00	37.50	165.00	0.00
Total actual harvest content	24.80	241.06	34.72	445.41	1,709.81

Field 6

Field name: Field 6

11/01/2022: Oats, silage-soft dough

Crop: Oats, silage-soft dough Acres planted: 22 Plant date: 11/01/2022

Harvest date	Yield	Reporting basis	Density (lbs/cu ft)	Moisture (%)	N (mg/kg)	P (mg/kg)	K (mg/kg)	Salt (mg/kg)	TFS (%)
05/05/2023	377.00 *ton*	As-is		74.6	3,560.00	760.00	7,340.00		9.70

	Yield (tons/acre)	Total N (lbs/acre)	Total P (lbs/acre)	Total K (lbs/acre)	Salt (lbs/acre)
Anticipated harvest content	14.00	140.00	22.40	116.20	0.00
Total actual harvest content	17.14	122.01	26.05	251.56	844.41

06/11/2023: Corn, silage

Crop: Corn, silage Acres planted: 22 Plant date: 06/11/2023

Harvest date	Yield	Reporting basis	Density (lbs/cu ft)	Moisture (%)	N (mg/kg)	P (mg/kg)	K (mg/kg)	Salt (mg/kg)	TFS (%)
10/03/2023	588.50 *ton*	As-is		68.4	3,250.00	580.00	7,750.00		8.30

	Yield (tons/acre)	Total N (lbs/acre)	Total P (lbs/acre)	Total K (lbs/acre)	Salt (lbs/acre)
Anticipated harvest content	25.00	200.00	37.50	165.00	0.00
Total actual harvest content	26.75	173.88	31.03	414.63	1,403.20

Field 7

Field name: Field 7

10/30/2022: Ryegrass, hay

Crop: Ryegrass, hay Acres planted: 22 Plant date: 10/30/2022

Harvest date	Yield	Reporting basis	Density (lbs/cu ft)	Moisture (%)	N (mg/kg)	P (mg/kg)	K (mg/kg)	Salt (mg/kg)	TFS (%)
05/05/2023	312.60 *ton*	As-is		70.2	5,390.00	940.00	8,740.00		11.80

	Yield (tons/acre)	Total N (lbs/acre)	Total P (lbs/acre)	Total K (lbs/acre)	Salt (lbs/acre)
Anticipated harvest content	13.00	130.00	20.80	107.90	0.00
Total actual harvest content	14.21	153.17	26.71	248.37	999.30

Field 7

06/27/2023: Corn, silage

Crop: Corn, silage Acres planted: 22 Plant date: 06/27/2023

Harvest date	Yield	Reporting basis	Density (lbs/cu ft)	Moisture (%)	N (mg/kg)	P (mg/kg)	K (mg/kg)	Salt (mg/kg)	TFS (%)
10/13/2023	635.40 *ton*	As-is		77.9	2,630.00	360.00	3,330.00		6.00

	Yield (tons/acre)	Total N (lbs/acre)	Total P (lbs/acre)	Total K (lbs/acre)	Salt (lbs/acre)
Anticipated harvest content	25.00	200.00	37.50	165.00	0.00
Total actual harvest content	28.88	151.92	20.79	192.35	765.95

Field 8

Field name: Field 8

06/12/2023: Grape

Crop: Grape Acres planted: 31 Plant date: 06/12/2023

Harvest date	Yield	Reporting basis	Density (lbs/cu ft)	Moisture (%)	N (mg/kg)	P (mg/kg)	K (mg/kg)	Salt (mg/kg)	TFS (%)
10/10/2023	294.50 *ton*	As-is		70.4	2,690.00	380.00	2,380.00		18.60

	Yield (tons/acre)	Total N (lbs/acre)	Total P (lbs/acre)	Total K (lbs/acre)	Salt (lbs/acre)
Anticipated harvest content	25.00	207.50	32.50	227.50	0.00
Total actual harvest content	9.50	51.11	7.22	45.22	1,046.06

NUTRIENT BUDGET

A. LAND APPLICATIONS

Field 1 - 10/30/2022: Ryegrass, hay

Field name: Field 1

Crop: Ryegrass, hay — Plant date: 10/30/2022

Application date	Application method	Precipitation 24 hours prior	Precipitation during application	Precipitation 24 hours following
02/07/2023	Surface (irrigation)	No precipitation	No precipitation	No precipitation

Source description	Material type	N (lbs/acre)	P (lbs/acre)	K (lbs/acre)	Salt (lbs/acre)	Amount
WWS	Process wastewater	103.85	13.20	119.62	851.83	756,120.00 *gal*
Application event totals		103.85	13.20	119.62	851.83	

Application date	Application method	Precipitation 24 hours prior	Precipitation during application	Precipitation 24 hours following
04/02/2023	Surface (irrigation)	No precipitation	No precipitation	No precipitation

Source description	Material type	N (lbs/acre)	P (lbs/acre)	K (lbs/acre)	Salt (lbs/acre)	Amount
WWS	Process wastewater	93.43	12.73	156.47	2,059.54	722,340.00 *gal*
Application event totals		93.43	12.73	156.47	2,059.54	

Field 1 - 06/12/2023: Corn, silage

Field name: Field 1

Crop: Corn, silage — Plant date: 06/12/2023

Application date	Application method	Precipitation 24 hours prior	Precipitation during application	Precipitation 24 hours following
05/28/2023	Surface (irrigation)	No precipitation	No precipitation	No precipitation

Source description	Material type	N (lbs/acre)	P (lbs/acre)	K (lbs/acre)	Salt (lbs/acre)	Amount
WWS	Process wastewater	117.96	16.08	197.56	2,600.30	912,000.00 *gal*
Application event totals		117.96	16.08	197.56	2,600.30	

Application date	Application method	Precipitation 24 hours prior	Precipitation during application	Precipitation 24 hours following
06/13/2023	Surface (irrigation)	No precipitation	No precipitation	No precipitation

Source description	Material type	N (lbs/acre)	P (lbs/acre)	K (lbs/acre)	Salt (lbs/acre)	Amount
IW F4	Ground water	4.21	0.00	0.00	256.66	3,168,000.00 *gal*
Application event totals		4.21	0.00	0.00	256.66	

Field 1 - 06/12/2023: Corn, silage

Application date	Application method	Precipitation 24 hours prior	Precipitation during application	Precipitation 24 hours following
07/04/2023	Surface (irrigation)	No precipitation	No precipitation	No precipitation

Source description	Material type	N (lbs/acre)	P (lbs/acre)	K (lbs/acre)	Salt (lbs/acre)	Amount
IW F4	Ground water	4.03	0.00	0.00	245.96	3,036,000.00 *gal*
Application event totals		4.03	0.00	0.00	245.96	

Application date	Application method	Precipitation 24 hours prior	Precipitation during application	Precipitation 24 hours following
07/17/2023	Surface (irrigation)	No precipitation	No precipitation	No precipitation

Source description	Material type	N (lbs/acre)	P (lbs/acre)	K (lbs/acre)	Salt (lbs/acre)	Amount
WWS	Process wastewater	138.01	19.60	414.02	1,868.99	1,134,000.00 *gal*
IW F4	Ground water	2.63	0.00	0.00	160.41	1,980,000.00 *gal*
Application event totals		140.64	19.60	414.02	2,029.40	

Application date	Application method	Precipitation 24 hours prior	Precipitation during application	Precipitation 24 hours following
07/31/2023	Surface (irrigation)	No precipitation	No precipitation	No precipitation

Source description	Material type	N (lbs/acre)	P (lbs/acre)	K (lbs/acre)	Salt (lbs/acre)	Amount
IW F4	Ground water	3.86	0.00	0.00	235.27	2,904,000.00 *gal*
Application event totals		3.86	0.00	0.00	235.27	

Application date	Application method	Precipitation 24 hours prior	Precipitation during application	Precipitation 24 hours following
08/15/2023	Surface (irrigation)	No precipitation	No precipitation	No precipitation

Source description	Material type	N (lbs/acre)	P (lbs/acre)	K (lbs/acre)	Salt (lbs/acre)	Amount
IW F4	Ground water	3.86	0.00	0.00	235.27	2,904,000.00 *gal*
Application event totals		3.86	0.00	0.00	235.27	

Application date	Application method	Precipitation 24 hours prior	Precipitation during application	Precipitation 24 hours following
08/30/2023	Surface (irrigation)	No precipitation	No precipitation	No precipitation

Source description	Material type	N (lbs/acre)	P (lbs/acre)	K (lbs/acre)	Salt (lbs/acre)	Amount
IW F4	Ground water	3.68	0.00	0.00	224.58	2,772,000.00 *gal*
Application event totals		3.68	0.00	0.00	224.58	

Application date	Application method	Precipitation 24 hours prior	Precipitation during application	Precipitation 24 hours following
09/14/2023	Surface (irrigation)	No precipitation	No precipitation	No precipitation

Source description	Material type	N (lbs/acre)	P (lbs/acre)	K (lbs/acre)	Salt (lbs/acre)	Amount
IW F4	Ground water	3.51	0.00	0.00	213.88	2,640,000.00 *gal*
Application event totals		3.51	0.00	0.00	213.88	

Field 2 - 10/30/2022: Ryegrass, hay

Field name: Field 2

Crop: Ryegrass, hay

Plant date: 10/30/2022

Application date	Application method	Precipitation 24 hours prior	Precipitation during application	Precipitation 24 hours following
10/12/2022	Surface (irrigation)	No precipitation	No precipitation	No precipitation

Source description	Material type	N (lbs/acre)	P (lbs/acre)	K (lbs/acre)	Salt (lbs/acre)	Amount
WWS	Process wastewater	122.88	18.55	97.51	466.15	142,500.00 *gal*
Application event totals		122.88	18.55	97.51	466.15	

Application date	Application method	Precipitation 24 hours prior	Precipitation during application	Precipitation 24 hours following
02/08/2023	Surface (irrigation)	No precipitation	No precipitation	No precipitation

Source description	Material type	N (lbs/acre)	P (lbs/acre)	K (lbs/acre)	Salt (lbs/acre)	Amount
WWS	Process wastewater	82.95	10.54	95.55	680.38	377,460.00 *gal*
Application event totals		82.95	10.54	95.55	680.38	

Field 2 - 06/13/2023: Corn, silage

Field name: Field 2

Crop: Corn, silage

Plant date: 06/13/2023

Application date	Application method	Precipitation 24 hours prior	Precipitation during application	Precipitation 24 hours following
05/28/2023	Surface (irrigation)	No precipitation	No precipitation	No precipitation

Source description	Material type	N (lbs/acre)	P (lbs/acre)	K (lbs/acre)	Salt (lbs/acre)	Amount
WWS	Process wastewater	117.96	16.08	197.56	2,600.30	570,000.00 *gal*
Application event totals		117.96	16.08	197.56	2,600.30	

Application date	Application method	Precipitation 24 hours prior	Precipitation during application	Precipitation 24 hours following
06/14/2023	Surface (irrigation)	No precipitation	No precipitation	No precipitation

Source description	Material type	N (lbs/acre)	P (lbs/acre)	K (lbs/acre)	Salt (lbs/acre)	Amount
IW F4	Ground water	4.21	0.00	0.00	256.66	1,980,000.00 *gal*
Application event totals		4.21	0.00	0.00	256.66	

Field 2 - 06/13/2023: Corn, silage

Application date	Application method	Precipitation 24 hours prior	Precipitation during application	Precipitation 24 hours following
07/05/2023	Surface (irrigation)	No precipitation	No precipitation	No precipitation

Source description	Material type	N (lbs/acre)	P (lbs/acre)	K (lbs/acre)	Salt (lbs/acre)	Amount
IW F4	Ground water	3.93	0.00	0.00	239.55	1,848,000.00 *gal*
Application event totals		3.93	0.00	0.00	239.55	

Application date	Application method	Precipitation 24 hours prior	Precipitation during application	Precipitation 24 hours following
07/18/2023	Surface (irrigation)	No precipitation	No precipitation	No precipitation

Source description	Material type	N (lbs/acre)	P (lbs/acre)	K (lbs/acre)	Salt (lbs/acre)	Amount
WWS	Process wastewater	116.27	16.51	348.80	1,574.59	597,110.00 *gal*
IW F4	Ground water	2.52	0.00	0.00	154.00	1,188,000.00 *gal*
Application event totals		118.79	16.51	348.80	1,728.59	

Application date	Application method	Precipitation 24 hours prior	Precipitation during application	Precipitation 24 hours following
08/01/2023	Surface (irrigation)	No precipitation	No precipitation	No precipitation

Source description	Material type	N (lbs/acre)	P (lbs/acre)	K (lbs/acre)	Salt (lbs/acre)	Amount
IW F4	Ground water	3.93	0.00	0.00	239.55	1,848,000.00 *gal*
Application event totals		3.93	0.00	0.00	239.55	

Application date	Application method	Precipitation 24 hours prior	Precipitation during application	Precipitation 24 hours following
08/16/2023	Surface (irrigation)	No precipitation	No precipitation	No precipitation

Source description	Material type	N (lbs/acre)	P (lbs/acre)	K (lbs/acre)	Salt (lbs/acre)	Amount
IW F4	Ground water	3.93	0.00	0.00	239.55	1,848,000.00 *gal*
Application event totals		3.93	0.00	0.00	239.55	

Application date	Application method	Precipitation 24 hours prior	Precipitation during application	Precipitation 24 hours following
08/31/2023	Surface (irrigation)	No precipitation	No precipitation	No precipitation

Source description	Material type	N (lbs/acre)	P (lbs/acre)	K (lbs/acre)	Salt (lbs/acre)	Amount
IW F4	Ground water	3.65	0.00	0.00	222.44	1,716,000.00 *gal*
Application event totals		3.65	0.00	0.00	222.44	

Application date	Application method	Precipitation 24 hours prior	Precipitation during application	Precipitation 24 hours following
09/15/2023	Surface (irrigation)	No precipitation	No precipitation	No precipitation

Source description	Material type	N (lbs/acre)	P (lbs/acre)	K (lbs/acre)	Salt (lbs/acre)	Amount
IW F4	Ground water	3.65	0.00	0.00	222.44	1,716,000.00 *gal*
Application event totals		3.65	0.00	0.00	222.44	

Field 3 - 10/29/2022: Oats, silage-soft dough

Field name: Field 3

Crop: Oats, silage-soft dough

Plant date: 10/29/2022

Application date	Application method	Precipitation 24 hours prior	Precipitation during application	Precipitation 24 hours following
10/01/2022	Surface (irrigation)	No precipitation	No precipitation	No precipitation

Source description	Material type	N (lbs/acre)	P (lbs/acre)	K (lbs/acre)	Salt (lbs/acre)	Amount
WWS	Process wastewater	122.88	18.55	97.51	466.15	161,500.00 *gal*
Application event totals		122.88	18.55	97.51	466.15	

04/03/2023	Surface (irrigation)	No precipitation	No precipitation	No precipitation

Source description	Material type	N (lbs/acre)	P (lbs/acre)	K (lbs/acre)	Salt (lbs/acre)	Amount
WWS	Process wastewater	90.60	12.35	151.72	1,997.00	496,120.00 *gal*
Application event totals		90.60	12.35	151.72	1,997.00	

Field 3 - 06/14/2023: Corn, silage

Field name: Field 3

Crop: Corn, silage

Plant date: 06/14/2023

Application date	Application method	Precipitation 24 hours prior	Precipitation during application	Precipitation 24 hours following
05/28/2023	Surface (irrigation)	No precipitation	No precipitation	No precipitation

Source description	Material type	N (lbs/acre)	P (lbs/acre)	K (lbs/acre)	Salt (lbs/acre)	Amount
WWS	Process wastewater	117.96	16.08	197.56	2,600.30	646,000.00 *gal*
Application event totals		117.96	16.08	197.56	2,600.30	

06/15/2023	Surface (irrigation)	No precipitation	No precipitation	No precipitation

Source description	Material type	N (lbs/acre)	P (lbs/acre)	K (lbs/acre)	Salt (lbs/acre)	Amount
IW F4	Ground water	4.21	0.00	0.00	256.66	2,244,000.00 *gal*
Application event totals		4.21	0.00	0.00	256.66	

Field 3 - 06/14/2023: Corn, silage

Application date	Application method	Precipitation 24 hours prior	Precipitation during application	Precipitation 24 hours following
07/06/2023	Surface (irrigation)	No precipitation	No precipitation	No precipitation

Source description	Material type	N (lbs/acre)	P (lbs/acre)	K (lbs/acre)	Salt (lbs/acre)	Amount
IW F4	Ground water	3.96	0.00	0.00	241.56	2,112,000.00 *gal*
Application event totals		3.96	0.00	0.00	241.56	

07/19/2023	Surface (irrigation)	No precipitation	No precipitation	No precipitation

Source description	Material type	N (lbs/acre)	P (lbs/acre)	K (lbs/acre)	Salt (lbs/acre)	Amount
WWS	Process wastewater	116.46	16.54	349.37	1,577.14	677,820.00 *gal*
IW F4	Ground water	2.60	0.00	0.00	158.52	1,386,000.00 *gal*
Application event totals		119.05	16.54	349.37	1,735.66	

08/02/2023	Surface (irrigation)	No precipitation	No precipitation	No precipitation

Source description	Material type	N (lbs/acre)	P (lbs/acre)	K (lbs/acre)	Salt (lbs/acre)	Amount
IW F4	Ground water	3.96	0.00	0.00	241.56	2,112,000.00 *gal*
Application event totals		3.96	0.00	0.00	241.56	

08/17/2023	Surface (irrigation)	No precipitation	No precipitation	No precipitation

Source description	Material type	N (lbs/acre)	P (lbs/acre)	K (lbs/acre)	Salt (lbs/acre)	Amount
IW F4	Ground water	3.84	0.00	0.00	234.01	2,046,000.00 *gal*
Application event totals		3.84	0.00	0.00	234.01	

09/01/2023	Surface (irrigation)	No precipitation	No precipitation	No precipitation

Source description	Material type	N (lbs/acre)	P (lbs/acre)	K (lbs/acre)	Salt (lbs/acre)	Amount
IW F4	Ground water	3.71	0.00	0.00	226.46	1,980,000.00 *gal*
Application event totals		3.71	0.00	0.00	226.46	

09/16/2023	Surface (irrigation)	No precipitation	No precipitation	No precipitation

Source description	Material type	N (lbs/acre)	P (lbs/acre)	K (lbs/acre)	Salt (lbs/acre)	Amount
IW F4	Ground water	3.71	0.00	0.00	226.46	1,980,000.00 *gal*
Application event totals		3.71	0.00	0.00	226.46	

Field 4 - 10/29/2022: Oats, silage-soft dough

Field name: Field 4

Crop: Oats, silage-soft dough

Plant date: 10/29/2022

Application date	Application method	Precipitation 24 hours prior	Precipitation during application	Precipitation 24 hours following
02/10/2023	Surface (irrigation)	No precipitation	No precipitation	No precipitation

Source description	Material type	N (lbs/acre)	P (lbs/acre)	K (lbs/acre)	Salt (lbs/acre)	Amount
WWS	Process wastewater	103.78	13.19	119.55	851.29	377,820.00 *gal*
Application event totals		103.78	13.19	119.55	851.29	

Application date	Application method	Precipitation 24 hours prior	Precipitation during application	Precipitation 24 hours following
04/04/2023	Surface (irrigation)	No precipitation	No precipitation	No precipitation

Source description	Material type	N (lbs/acre)	P (lbs/acre)	K (lbs/acre)	Salt (lbs/acre)	Amount
WWS	Process wastewater	92.02	12.54	154.11	2,028.41	355,710.00 *gal*
Application event totals		92.02	12.54	154.11	2,028.41	

Field 4 - 06/14/2023: Corn, silage

Field name: Field 4

Crop: Corn, silage

Plant date: 06/14/2023

Application date	Application method	Precipitation 24 hours prior	Precipitation during application	Precipitation 24 hours following
05/29/2023	Surface (irrigation)	No precipitation	No precipitation	No precipitation

Source description	Material type	N (lbs/acre)	P (lbs/acre)	K (lbs/acre)	Salt (lbs/acre)	Amount
WWS	Process wastewater	117.96	16.08	197.56	2,600.30	456,000.00 *gal*
Application event totals		117.96	16.08	197.56	2,600.30	

Application date	Application method	Precipitation 24 hours prior	Precipitation during application	Precipitation 24 hours following
06/15/2023	Surface (irrigation)	No precipitation	No precipitation	No precipitation

Source description	Material type	N (lbs/acre)	P (lbs/acre)	K (lbs/acre)	Salt (lbs/acre)	Amount
IW F4	Ground water	4.21	0.00	0.00	256.66	1,584,000.00 *gal*
Application event totals		4.21	0.00	0.00	256.66	

Field 4 - 06/14/2023: Corn, silage

Application date	Application method	Precipitation 24 hours prior	Precipitation during application	Precipitation 24 hours following
07/06/2023	Surface (irrigation)	No precipitation	No precipitation	No precipitation

Source description	Material type	N (lbs/acre)	P (lbs/acre)	K (lbs/acre)	Salt (lbs/acre)	Amount
IW F4	Ground water	4.03	0.00	0.00	245.96	1,518,000.00 *gal*
Application event totals		4.03	0.00	0.00	245.96	

Application date	Application method	Precipitation 24 hours prior	Precipitation during application	Precipitation 24 hours following
07/19/2023	Surface (irrigation)	No precipitation	No precipitation	No precipitation

Source description	Material type	N (lbs/acre)	P (lbs/acre)	K (lbs/acre)	Salt (lbs/acre)	Amount
WWS	Process wastewater	116.45	16.54	349.35	1,577.07	478,440.00 *gal*
IW F4	Ground water	2.63	0.00	0.00	160.41	990,000.00 *gal*
Application event totals		119.08	16.54	349.35	1,737.48	

Application date	Application method	Precipitation 24 hours prior	Precipitation during application	Precipitation 24 hours following
08/02/2023	Surface (irrigation)	No precipitation	No precipitation	No precipitation

Source description	Material type	N (lbs/acre)	P (lbs/acre)	K (lbs/acre)	Salt (lbs/acre)	Amount
IW F4	Ground water	4.03	0.00	0.00	245.96	1,518,000.00 *gal*
Application event totals		4.03	0.00	0.00	245.96	

Application date	Application method	Precipitation 24 hours prior	Precipitation during application	Precipitation 24 hours following
08/17/2023	Surface (irrigation)	No precipitation	No precipitation	No precipitation

Source description	Material type	N (lbs/acre)	P (lbs/acre)	K (lbs/acre)	Salt (lbs/acre)	Amount
IW F4	Ground water	3.86	0.00	0.00	235.27	1,452,000.00 *gal*
Application event totals		3.86	0.00	0.00	235.27	

Application date	Application method	Precipitation 24 hours prior	Precipitation during application	Precipitation 24 hours following
09/01/2023	Surface (irrigation)	No precipitation	No precipitation	No precipitation

Source description	Material type	N (lbs/acre)	P (lbs/acre)	K (lbs/acre)	Salt (lbs/acre)	Amount
IW F4	Ground water	3.86	0.00	0.00	235.27	1,452,000.00 *gal*
Application event totals		3.86	0.00	0.00	235.27	

Application date	Application method	Precipitation 24 hours prior	Precipitation during application	Precipitation 24 hours following
09/16/2023	Surface (irrigation)	No precipitation	No precipitation	No precipitation

Source description	Material type	N (lbs/acre)	P (lbs/acre)	K (lbs/acre)	Salt (lbs/acre)	Amount
IW F4	Ground water	3.51	0.00	0.00	213.88	1,320,000.00 *gal*
Application event totals		3.51	0.00	0.00	213.88	

Field 5 - 10/30/2022: Ryegrass, hay

Field name: Field 5

Crop: Ryegrass, hay

Plant date: 10/30/2022

Application date	Application method	Precipitation 24 hours prior	Precipitation during application	Precipitation 24 hours following
02/10/2023	Surface (irrigation)	No precipitation	No precipitation	No precipitation

Source description	Material type	N (lbs/acre)	P (lbs/acre)	K (lbs/acre)	Salt (lbs/acre)	Amount
WWS	Process wastewater	148.39	18.86	170.93	1,217.17	810,310.00 *gal*
Application event totals		148.39	18.86	170.93	1,217.17	

Field 5 - 06/15/2023: Corn, silage

Field name: Field 5

Crop: Corn, silage

Plant date: 06/15/2023

Application date	Application method	Precipitation 24 hours prior	Precipitation during application	Precipitation 24 hours following
05/29/2023	Surface (irrigation)	No precipitation	No precipitation	No precipitation

Source description	Material type	N (lbs/acre)	P (lbs/acre)	K (lbs/acre)	Salt (lbs/acre)	Amount
WWS	Process wastewater	117.96	16.08	197.56	2,600.30	684,000.00 *gal*
Application event totals		117.96	16.08	197.56	2,600.30	

Application date	Application method	Precipitation 24 hours prior	Precipitation during application	Precipitation 24 hours following
06/16/2023	Surface (irrigation)	No precipitation	No precipitation	No precipitation

Source description	Material type	N (lbs/acre)	P (lbs/acre)	K (lbs/acre)	Salt (lbs/acre)	Amount
IW F4	Ground water	4.21	0.00	0.00	256.66	2,376,000.00 *gal*
Application event totals		4.21	0.00	0.00	256.66	

Application date	Application method	Precipitation 24 hours prior	Precipitation during application	Precipitation 24 hours following
07/07/2023	Surface (irrigation)	No precipitation	No precipitation	No precipitation

Source description	Material type	N (lbs/acre)	P (lbs/acre)	K (lbs/acre)	Salt (lbs/acre)	Amount
IW F4	Ground water	3.97	0.00	0.00	242.40	2,244,000.00 *gal*
Application event totals		3.97	0.00	0.00	242.40	

Field 5 - 06/15/2023: Corn, silage

Application date	Application method	Precipitation 24 hours prior	Precipitation during application	Precipitation 24 hours following
07/20/2023	Surface (irrigation)	No precipitation	No precipitation	No precipitation

Source description	Material type	N (lbs/acre)	P (lbs/acre)	K (lbs/acre)	Salt (lbs/acre)	Amount
WWS	Process wastewater	116.45	16.54	349.35	1,577.07	717,660.00 *gal*
IW F4	Ground water	2.57	0.00	0.00	156.85	1,452,000.00 *gal*
Application event totals		119.02	16.54	349.35	1,733.92	

Application date	Application method	Precipitation 24 hours prior	Precipitation during application	Precipitation 24 hours following
08/03/2023	Surface (irrigation)	No precipitation	No precipitation	No precipitation

Source description	Material type	N (lbs/acre)	P (lbs/acre)	K (lbs/acre)	Salt (lbs/acre)	Amount
IW F4	Ground water	3.97	0.00	0.00	242.40	2,244,000.00 *gal*
Application event totals		3.97	0.00	0.00	242.40	

Application date	Application method	Precipitation 24 hours prior	Precipitation during application	Precipitation 24 hours following
08/18/2023	Surface (irrigation)	No precipitation	No precipitation	No precipitation

Source description	Material type	N (lbs/acre)	P (lbs/acre)	K (lbs/acre)	Salt (lbs/acre)	Amount
IW F4	Ground water	3.97	0.00	0.00	242.40	2,244,000.00 *gal*
Application event totals		3.97	0.00	0.00	242.40	

Application date	Application method	Precipitation 24 hours prior	Precipitation during application	Precipitation 24 hours following
09/02/2023	Surface (irrigation)	No precipitation	No precipitation	No precipitation

Source description	Material type	N (lbs/acre)	P (lbs/acre)	K (lbs/acre)	Salt (lbs/acre)	Amount
IW F4	Ground water	3.74	0.00	0.00	228.14	2,112,000.00 *gal*
Application event totals		3.74	0.00	0.00	228.14	

Application date	Application method	Precipitation 24 hours prior	Precipitation during application	Precipitation 24 hours following
09/17/2023	Surface (irrigation)	No precipitation	No precipitation	No precipitation

Source description	Material type	N (lbs/acre)	P (lbs/acre)	K (lbs/acre)	Salt (lbs/acre)	Amount
IW F4	Ground water	3.74	0.00	0.00	228.14	2,112,000.00 *gal*
Application event totals		3.74	0.00	0.00	228.14	

Field 6 - 11/01/2022: Oats, silage-soft dough

Field name: Field 6

Crop: Oats, silage-soft dough

Plant date: 11/01/2022

Application date	Application method	Precipitation 24 hours prior	Precipitation during application	Precipitation 24 hours following

Field 6 - 11/01/2022: Oats, silage-soft dough

Application date	Application method	Precipitation 24 hours prior	Precipitation during application	Precipitation 24 hours following
10/05/2022	Surface (irrigation)	No precipitation	No precipitation	No precipitation

Source description	Material type	N (lbs/acre)	P (lbs/acre)	K (lbs/acre)	Salt (lbs/acre)	Amount
Separator Solids	Separator solids	162.84	49.80	155.17	1,941.10	220.00 *ton*
Application event totals		162.84	49.80	155.17	1,941.10	

Field 6 - 06/11/2023: Corn, silage

Field name: Field 6

Crop: Corn, silage

Plant date: 06/11/2023

Application date	Application method	Precipitation 24 hours prior	Precipitation during application	Precipitation 24 hours following
05/10/2023	Broadcast/incorporate	No precipitation	No precipitation	No precipitation

Source description	Material type	N (lbs/acre)	P (lbs/acre)	K (lbs/acre)	Salt (lbs/acre)	Amount
Separator Solids	Separator solids	209.76	45.54	218.04	1,084.68	660.00 *ton*
Application event totals		209.76	45.54	218.04	1,084.68	

Application date	Application method	Precipitation 24 hours prior	Precipitation during application	Precipitation 24 hours following
06/12/2023	Surface (irrigation)	No precipitation	No precipitation	No precipitation

Source description	Material type	N (lbs/acre)	P (lbs/acre)	K (lbs/acre)	Salt (lbs/acre)	Amount
IW Tony's	Ground water	1.14	0.00	0.00	228.69	2,970,000.00 *gal*
Application event totals		1.14	0.00	0.00	228.69	

Application date	Application method	Precipitation 24 hours prior	Precipitation during application	Precipitation 24 hours following
07/03/2023	Surface (irrigation)	No precipitation	No precipitation	No precipitation

Source description	Material type	N (lbs/acre)	P (lbs/acre)	K (lbs/acre)	Salt (lbs/acre)	Amount
IW Tony's	Ground water	1.04	0.00	0.00	208.37	2,706,000.00 *gal*
Application event totals		1.04	0.00	0.00	208.37	

Application date	Application method	Precipitation 24 hours prior	Precipitation during application	Precipitation 24 hours following
07/16/2023	Surface (irrigation)	No precipitation	No precipitation	No precipitation

Source description	Material type	N (lbs/acre)	P (lbs/acre)	K (lbs/acre)	Salt (lbs/acre)	Amount
IW Tony's	Ground water	1.06	0.00	0.00	213.45	2,772,000.00 *gal*
Application event totals		1.06	0.00	0.00	213.45	

Field 6 - 06/11/2023: Corn, silage

Application date	Application method	Precipitation 24 hours prior	Precipitation during application	Precipitation 24 hours following
07/30/2023	Surface (irrigation)	No precipitation	No precipitation	No precipitation

Source description	Material type	N (lbs/acre)	P (lbs/acre)	K (lbs/acre)	Salt (lbs/acre)	Amount
IW Tony's	Ground water	1.06	0.00	0.00	213.45	2,772,000.00 *gal*
Application event totals		1.06	0.00	0.00	213.45	

Application date	Application method	Precipitation 24 hours prior	Precipitation during application	Precipitation 24 hours following
08/14/2023	Surface (irrigation)	No precipitation	No precipitation	No precipitation

Source description	Material type	N (lbs/acre)	P (lbs/acre)	K (lbs/acre)	Salt (lbs/acre)	Amount
IW Tony's	Ground water	1.01	0.00	0.00	203.28	2,640,000.00 *gal*
Application event totals		1.01	0.00	0.00	203.28	

Application date	Application method	Precipitation 24 hours prior	Precipitation during application	Precipitation 24 hours following
08/29/2023	Surface (irrigation)	No precipitation	No precipitation	No precipitation

Source description	Material type	N (lbs/acre)	P (lbs/acre)	K (lbs/acre)	Salt (lbs/acre)	Amount
IW Tony's	Ground water	0.99	0.00	0.00	198.20	2,574,000.00 *gal*
Application event totals		0.99	0.00	0.00	198.20	

Application date	Application method	Precipitation 24 hours prior	Precipitation during application	Precipitation 24 hours following
09/13/2023	Surface (irrigation)	No precipitation	No precipitation	No precipitation

Source description	Material type	N (lbs/acre)	P (lbs/acre)	K (lbs/acre)	Salt (lbs/acre)	Amount
IW Tony's	Ground water	0.96	0.00	0.00	193.12	2,508,000.00 *gal*
Application event totals		0.96	0.00	0.00	193.12	

Field 7 - 10/30/2022: Ryegrass, hay

Field name: Field 7

Crop: Ryegrass, hay

Plant date: 10/30/2022

Application date	Application method	Precipitation 24 hours prior	Precipitation during application	Precipitation 24 hours following
10/02/2022	Surface (irrigation)	No precipitation	No precipitation	No precipitation

Source description	Material type	N (lbs/acre)	P (lbs/acre)	K (lbs/acre)	Salt (lbs/acre)	Amount
WWS	Process wastewater	122.88	18.55	97.51	466.15	209,000.00 *gal*
Application event totals		122.88	18.55	97.51	466.15	

Field 7 - 10/30/2022: Ryegrass, hay

Application date	Application method	Precipitation 24 hours prior	Precipitation during application	Precipitation 24 hours following
02/11/2023	Surface (irrigation)	No precipitation	No precipitation	No precipitation

Source description	Material type	N (lbs/acre)	P (lbs/acre)	K (lbs/acre)	Salt (lbs/acre)	Amount
WWS	Process wastewater	78.41	9.96	90.32	643.14	523,310.00 *gal*
Application event totals		78.41	9.96	90.32	643.14	

Field 7 - 06/27/2023: Corn, silage

Field name: Field 7

Crop: Corn, silage

Plant date: 06/27/2023

Application date	Application method	Precipitation 24 hours prior	Precipitation during application	Precipitation 24 hours following
06/28/2023	Surface (irrigation)	No precipitation	No precipitation	No precipitation

Source description	Material type	N (lbs/acre)	P (lbs/acre)	K (lbs/acre)	Salt (lbs/acre)	Amount
IW F4	Ground water	4.40	0.00	0.00	268.33	3,036,000.00 *gal*
Application event totals		4.40	0.00	0.00	268.33	

Application date	Application method	Precipitation 24 hours prior	Precipitation during application	Precipitation 24 hours following
07/20/2023	Surface (irrigation)	No precipitation	No precipitation	No precipitation

Source description	Material type	N (lbs/acre)	P (lbs/acre)	K (lbs/acre)	Salt (lbs/acre)	Amount
IW F4	Ground water	4.02	0.00	0.00	244.99	2,772,000.00 *gal*
Application event totals		4.02	0.00	0.00	244.99	

Application date	Application method	Precipitation 24 hours prior	Precipitation during application	Precipitation 24 hours following
08/04/2023	Surface (irrigation)	No precipitation	No precipitation	No precipitation

Source description	Material type	N (lbs/acre)	P (lbs/acre)	K (lbs/acre)	Salt (lbs/acre)	Amount
WWS	Process wastewater	99.21	14.09	297.62	1,343.55	747,260.00 *gal*
IW F4	Ground water	2.87	0.00	0.00	174.99	1,980,000.00 *gal*
Application event totals		102.08	14.09	297.62	1,518.54	

Field 7 - 06/27/2023: Corn, silage

Application date	Application method	Precipitation 24 hours prior	Precipitation during application	Precipitation 24 hours following
08/19/2023	Surface (irrigation)	No precipitation	No precipitation	No precipitation

Source description	Material type	N (lbs/acre)	P (lbs/acre)	K (lbs/acre)	Salt (lbs/acre)	Amount
WWS	Process wastewater	91.45	12.99	274.34	1,238.46	688,810.00 *gal*
IW F4	Ground water	2.87	0.00	0.00	174.99	1,980,000.00 *gal*
Application event totals		94.32	12.99	274.34	1,413.45	

Application date	Application method	Precipitation 24 hours prior	Precipitation during application	Precipitation 24 hours following
09/04/2023	Surface (irrigation)	No precipitation	No precipitation	No precipitation

Source description	Material type	N (lbs/acre)	P (lbs/acre)	K (lbs/acre)	Salt (lbs/acre)	Amount
IW F4	Ground water	4.02	0.00	0.00	244.99	2,772,000.00 *gal*
Application event totals		4.02	0.00	0.00	244.99	

Application date	Application method	Precipitation 24 hours prior	Precipitation during application	Precipitation 24 hours following
09/20/2023	Surface (irrigation)	No precipitation	No precipitation	No precipitation

Source description	Material type	N (lbs/acre)	P (lbs/acre)	K (lbs/acre)	Salt (lbs/acre)	Amount
IW F4	Ground water	3.83	0.00	0.00	233.33	2,640,000.00 *gal*
Application event totals		3.83	0.00	0.00	233.33	

Field 8 - 06/12/2023: Grape

Field name: Field 8

Crop: Grape

Plant date: 06/12/2023

Application date	Application method	Precipitation 24 hours prior	Precipitation during application	Precipitation 24 hours following
04/15/2023	Surface (irrigation)	No precipitation	No precipitation	No precipitation

Source description	Material type	N (lbs/acre)	P (lbs/acre)	K (lbs/acre)	Salt (lbs/acre)	Amount
IW Tony's	Ground water	0.76	0.00	0.00	152.80	2,796,200.00 *gal*
Application event totals		0.76	0.00	0.00	152.80	

Application date	Application method	Precipitation 24 hours prior	Precipitation during application	Precipitation 24 hours following
04/30/2023	Surface (irrigation)	No precipitation	No precipitation	No precipitation

Source description	Material type	N (lbs/acre)	P (lbs/acre)	K (lbs/acre)	Salt (lbs/acre)	Amount
IW Tony's	Ground water	0.76	0.00	0.00	152.80	2,796,200.00 *gal*
Application event totals		0.76	0.00	0.00	152.80	

Field 8 - 06/12/2023: Grape

Application date	Application method	Precipitation 24 hours prior	Precipitation during application	Precipitation 24 hours following
04/30/2023	Sidedress	No precipitation	No precipitation	No precipitation

Source description	Material type	N (lbs/acre)	P (lbs/acre)	K (lbs/acre)	Salt (lbs/acre)	Amount
UN 32	Solid commercial fertilizer	11.20	0.00	0.00	0.00	
Application event totals		11.20	0.00	0.00	0.00	

05/15/2023	Surface (irrigation)	No precipitation	No precipitation	No precipitation

Source description	Material type	N (lbs/acre)	P (lbs/acre)	K (lbs/acre)	Salt (lbs/acre)	Amount
IW Tony's	Ground water	0.76	0.00	0.00	152.80	2,796,200.00 *gal*
Application event totals		0.76	0.00	0.00	152.80	

05/30/2023	Surface (irrigation)	No precipitation	No precipitation	No precipitation

Source description	Material type	N (lbs/acre)	P (lbs/acre)	K (lbs/acre)	Salt (lbs/acre)	Amount
IW Tony's	Ground water	0.76	0.00	0.00	152.80	2,796,200.00 *gal*
Application event totals		0.76	0.00	0.00	152.80	

05/30/2023	Sidedress	No precipitation	No precipitation	No precipitation

Source description	Material type	N (lbs/acre)	P (lbs/acre)	K (lbs/acre)	Salt (lbs/acre)	Amount
UN 32	Solid commercial fertilizer	11.20	0.00	0.00	0.00	
Application event totals		11.20	0.00	0.00	0.00	

06/14/2023	Surface (irrigation)	No precipitation	No precipitation	No precipitation

Source description	Material type	N (lbs/acre)	P (lbs/acre)	K (lbs/acre)	Salt (lbs/acre)	Amount
IW Tony's	Ground water	0.76	0.00	0.00	152.80	2,796,200.00 *gal*
Application event totals		0.76	0.00	0.00	152.80	

06/29/2023	Surface (irrigation)	No precipitation	No precipitation	No precipitation

Source description	Material type	N (lbs/acre)	P (lbs/acre)	K (lbs/acre)	Salt (lbs/acre)	Amount
IW Tony's	Ground water	0.76	0.00	0.00	152.80	2,796,200.00 *gal*
Application event totals		0.76	0.00	0.00	152.80	

Field 8 - 06/12/2023: Grape

Application date	Application method	Precipitation 24 hours prior	Precipitation during application	Precipitation 24 hours following
06/29/2023	Surface (irrigation)	No precipitation	No precipitation	No precipitation

Source description	Material type	N (lbs/acre)	P (lbs/acre)	K (lbs/acre)	Salt (lbs/acre)	Amount
UN 32	Solid commercial fertilizer	11.20	0.00	0.00	0.00	
Application event totals		11.20	0.00	0.00	0.00	

Application date	Application method	Precipitation 24 hours prior	Precipitation during application	Precipitation 24 hours following
07/14/2023	Surface (irrigation)	No precipitation	No precipitation	No precipitation

Source description	Material type	N (lbs/acre)	P (lbs/acre)	K (lbs/acre)	Salt (lbs/acre)	Amount
IW Tony's	Ground water	0.76	0.00	0.00	152.80	2,796,200.00 *gal*
Application event totals		0.76	0.00	0.00	152.80	

Application date	Application method	Precipitation 24 hours prior	Precipitation during application	Precipitation 24 hours following
07/29/2023	Surface (irrigation)	No precipitation	No precipitation	No precipitation

Source description	Material type	N (lbs/acre)	P (lbs/acre)	K (lbs/acre)	Salt (lbs/acre)	Amount
IW Tony's	Ground water	0.76	0.00	0.00	152.80	2,796,200.00 *gal*
Application event totals		0.76	0.00	0.00	152.80	

Application date	Application method	Precipitation 24 hours prior	Precipitation during application	Precipitation 24 hours following
08/13/2023	Surface (irrigation)	No precipitation	No precipitation	No precipitation

Source description	Material type	N (lbs/acre)	P (lbs/acre)	K (lbs/acre)	Salt (lbs/acre)	Amount
IW Tony's	Ground water	0.76	0.00	0.00	152.80	2,796,200.00 *gal*
Application event totals		0.76	0.00	0.00	152.80	

Application date	Application method	Precipitation 24 hours prior	Precipitation during application	Precipitation 24 hours following
08/13/2023	Sidedress	No precipitation	No precipitation	No precipitation

Source description	Material type	N (lbs/acre)	P (lbs/acre)	K (lbs/acre)	Salt (lbs/acre)	Amount
UN 32	Solid commercial fertilizer	11.20	0.00	0.00	0.00	
Application event totals		11.20	0.00	0.00	0.00	

Application date	Application method	Precipitation 24 hours prior	Precipitation during application	Precipitation 24 hours following
08/28/2023	Surface (irrigation)	No precipitation	No precipitation	No precipitation

Source description	Material type	N (lbs/acre)	P (lbs/acre)	K (lbs/acre)	Salt (lbs/acre)	Amount
IW Tony's	Ground water	0.76	0.00	0.00	152.80	2,796,200.00 *gal*
Application event totals		0.76	0.00	0.00	152.80	

Field 8 - 06/12/2023: Grape

Application date	Application method	Precipitation 24 hours prior	Precipitation during application	Precipitation 24 hours following
09/12/2023	Surface (irrigation)	No precipitation	No precipitation	No precipitation

Source description	Material type	N (lbs/acre)	P (lbs/acre)	K (lbs/acre)	Salt (lbs/acre)	Amount
IW Tony's	Ground water	0.76	0.00	0.00	152.80	2,796,200.00 *gal*
Application event totals		0.76	0.00	0.00	152.80	

Application date	Application method	Precipitation 24 hours prior	Precipitation during application	Precipitation 24 hours following
09/27/2023	Surface (irrigation)	No precipitation	No precipitation	No precipitation

Source description	Material type	N (lbs/acre)	P (lbs/acre)	K (lbs/acre)	Salt (lbs/acre)	Amount
IW Tony's	Ground water	0.76	0.00	0.00	152.80	2,796,200.00 *gal*
Application event totals		0.76	0.00	0.00	152.80	

B. NUTRIENT BUDGET

Field 1 - 10/30/2022: Ryegrass, hay

Field name: Field 1 Crop: Ryegrass, hay Plant date: 10/30/2022

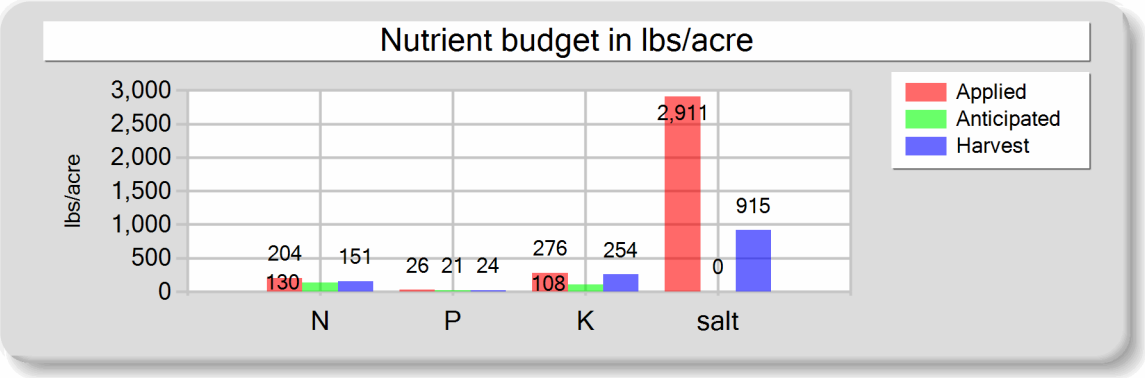

	Total N (lbs/acre)	Total P (lbs/acre)	Total K (lbs/acre)	Total salt (lbs/acre)
Existing soil nutrient content	0.00	0.00	0.00	0.00
Plowdown credit	0.00	0.00	0.00	0.00
Commercial fertilizer / Other	0.00	0.00	0.00	0.00
Dry manure	0.00	0.00	0.00	0.00
Process wastewater	197.28	25.93	276.10	2,911.37
Fresh water	0.00	0.00	0.00	0.00
Atmospheric deposition	7.00	0.00	0.00	0.00
Total nutrients applied	204.28	25.93	276.10	2,911.37
Anticipated crop nutrient removal	130.00	20.80	107.90	0.00
Actual crop nutrient removal	150.80	24.21	254.41	914.99
Nutrient balance	53.48	1.72	21.69	1,996.37
Applied to removed ratio	1.35	1.07	1.09	3.18

Fresh water applied	
0.00	*gallons*
0.00	*acre-inches*
0.00	*inches/acre*

Process wastewater applied	
1,478,460.00	*gallons*
54.45	*acre-inches*
2.27	*inches/acre*

Total harvests for the crop	
1	*harvests*

Field 1 - 06/12/2023: Corn, silage

Field name: Field 1 Crop: Corn, silage Plant date: 06/12/2023

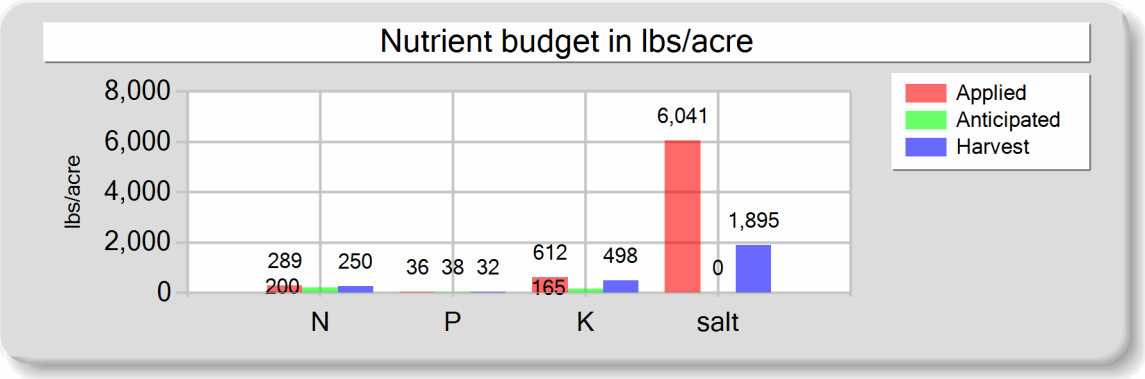

	Total N (lbs/acre)	Total P (lbs/acre)	Total K (lbs/acre)	Total salt (lbs/acre)
Existing soil nutrient content	0.00	0.00	0.00	0.00
Plowdown credit	0.00	0.00	0.00	0.00
Commercial fertilizer / Other	0.00	0.00	0.00	0.00
Dry manure	0.00	0.00	0.00	0.00
Process wastewater	255.97	35.67	611.58	4,469.29
Fresh water	25.77	0.00	0.00	1,572.04
Atmospheric deposition	7.00	0.00	0.00	0.00
Total nutrients applied	288.74	35.67	611.58	6,041.33
Anticipated crop nutrient removal	200.00	37.50	165.00	0.00
Actual crop nutrient removal	250.07	31.58	498.08	1,895.38
Nutrient balance	38.67	4.09	113.50	4,145.95
Applied to removed ratio	1.15	1.13	1.23	3.19

Fresh water applied	
19,404,000.00	*gallons*
714.58	*acre-inches*
29.77	*inches/acre*

Process wastewater applied	
2,046,000.00	*gallons*
75.35	*acre-inches*
3.14	*inches/acre*

Total harvests for the crop	
1	*harvests*

Field 2 - 10/30/2022: Ryegrass, hay

Field name: Field 2 Crop: Ryegrass, hay Plant date: 10/30/2022

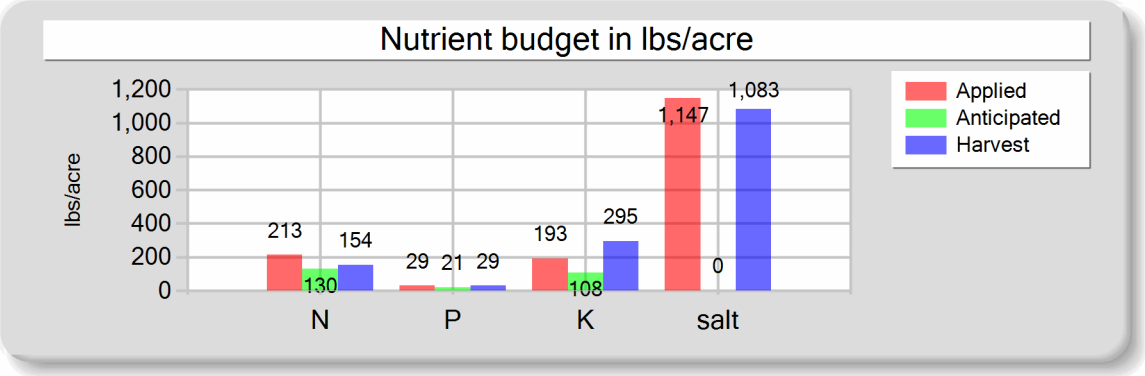

	Total N (lbs/acre)	Total P (lbs/acre)	Total K (lbs/acre)	Total salt (lbs/acre)
Existing soil nutrient content	0.00	0.00	0.00	0.00
Plowdown credit	0.00	0.00	0.00	0.00
Commercial fertilizer / Other	0.00	0.00	0.00	0.00
Dry manure	0.00	0.00	0.00	0.00
Process wastewater	205.83	29.09	193.06	1,146.53
Fresh water	0.00	0.00	0.00	0.00
Atmospheric deposition	7.00	0.00	0.00	0.00
Total nutrients applied	212.83	29.09	193.06	1,146.53
Anticipated crop nutrient removal	130.00	20.80	107.90	0.00
Actual crop nutrient removal	154.02	28.92	295.07	1,083.48
Nutrient balance	58.80	0.18	-102.01	63.05
Applied to removed ratio	1.38	1.01	0.65	1.06

Fresh water applied
0.00 *gallons*
0.00 *acre-inches*
0.00 *inches/acre*

Process wastewater applied
519,960.00 *gallons*
19.15 *acre-inches*
1.28 *inches/acre*

Total harvests for the crop
1 *harvests*

Field 2 - 06/13/2023: Corn, silage

Field name: Field 2 Crop: Corn, silage Plant date: 06/13/2023

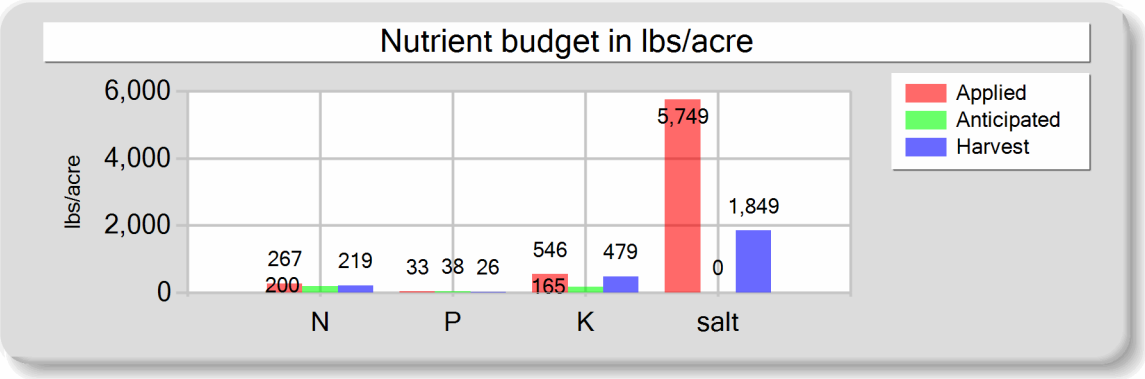

	Total N (lbs/acre)	Total P (lbs/acre)	Total K (lbs/acre)	Total salt (lbs/acre)
Existing soil nutrient content	0.00	0.00	0.00	0.00
Plowdown credit	0.00	0.00	0.00	0.00
Commercial fertilizer / Other	0.00	0.00	0.00	0.00
Dry manure	0.00	0.00	0.00	0.00
Process wastewater	234.23	32.59	546.36	4,174.89
Fresh water	25.81	0.00	0.00	1,574.17
Atmospheric deposition	7.00	0.00	0.00	0.00
Total nutrients applied	267.04	32.59	546.36	5,749.07
Anticipated crop nutrient removal	200.00	37.50	165.00	0.00
Actual crop nutrient removal	218.71	26.46	479.36	1,848.83
Nutrient balance	48.33	6.12	67.00	3,900.24
Applied to removed ratio	1.22	1.23	1.14	3.11

Fresh water applied	
12,144,000.00	*gallons*
447.22	*acre-inches*
29.81	*inches/acre*

Process wastewater applied	
1,167,110.00	*gallons*
42.98	*acre-inches*
2.87	*inches/acre*

Total harvests for the crop	
1	*harvests*

Field 3 - 10/29/2022: Oats, silage-soft dough

Field name: Field 3 Crop: Oats, silage-soft dough Plant date: 10/29/2022

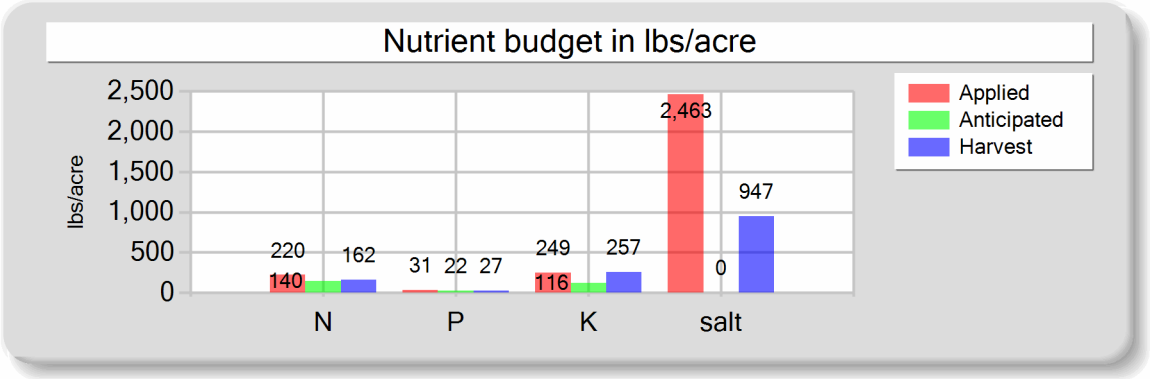

	Total N (lbs/acre)	Total P (lbs/acre)	Total K (lbs/acre)	Total salt (lbs/acre)
Existing soil nutrient content	0.00	0.00	0.00	0.00
Plowdown credit	0.00	0.00	0.00	0.00
Commercial fertilizer / Other	0.00	0.00	0.00	0.00
Dry manure	0.00	0.00	0.00	0.00
Process wastewater	213.48	30.90	249.23	2,463.15
Fresh water	0.00	0.00	0.00	0.00
Atmospheric deposition	7.00	0.00	0.00	0.00
Total nutrients applied	220.48	30.90	249.23	2,463.15
Anticipated crop nutrient removal	140.00	22.40	116.20	0.00
Actual crop nutrient removal	161.82	27.33	257.48	946.92
Nutrient balance	58.66	3.57	-8.24	1,516.23
Applied to removed ratio	1.36	1.13	0.97	2.60

Fresh water applied
0.00 *gallons*
0.00 *acre-inches*
0.00 *inches/acre*

Process wastewater applied
657,620.00 *gallons*
24.22 *acre-inches*
1.42 *inches/acre*

Total harvests for the crop
1 *harvests*

Field 3 - 06/14/2023: Corn, silage

Field name: Field 3 Crop: Corn, silage Plant date: 06/14/2023

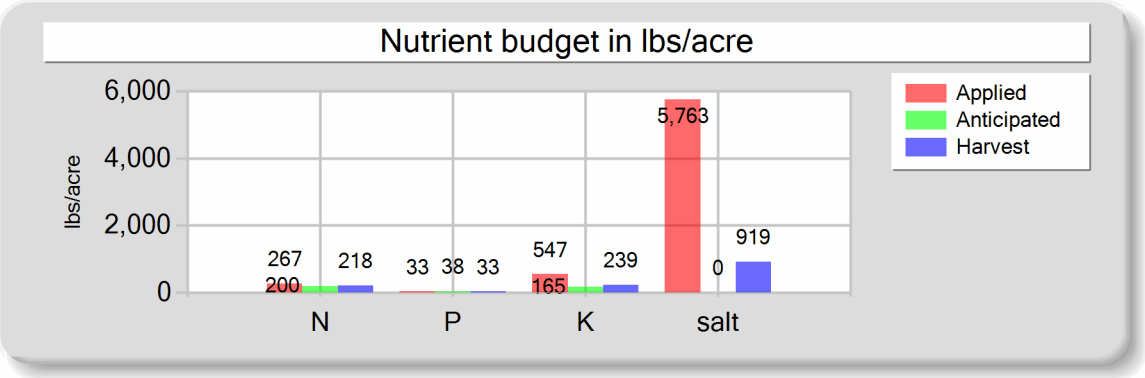

	Total N (lbs/acre)	Total P (lbs/acre)	Total K (lbs/acre)	Total salt (lbs/acre)
Existing soil nutrient content	0.00	0.00	0.00	0.00
Plowdown credit	0.00	0.00	0.00	0.00
Commercial fertilizer / Other	0.00	0.00	0.00	0.00
Dry manure	0.00	0.00	0.00	0.00
Process wastewater	234.42	32.61	546.93	4,177.44
Fresh water	25.99	0.00	0.00	1,585.25
Atmospheric deposition	7.00	0.00	0.00	0.00
Total nutrients applied	267.41	32.61	546.93	5,762.69
Anticipated crop nutrient removal	200.00	37.50	165.00	0.00
Actual crop nutrient removal	218.45	33.46	239.11	918.86
Nutrient balance	48.96	-0.84	307.81	4,843.83
Applied to removed ratio	1.22	0.97	2.29	6.27

Fresh water applied	
13,860,000.00	*gallons*
510.42	*acre-inches*
30.02	*inches/acre*

Process wastewater applied	
1,323,820.00	*gallons*
48.75	*acre-inches*
2.87	*inches/acre*

Total harvests for the crop	
1	*harvests*

Field 4 - 10/29/2022: Oats, silage-soft dough

Field name: Field 4 Crop: Oats, silage-soft dough Plant date: 10/29/2022

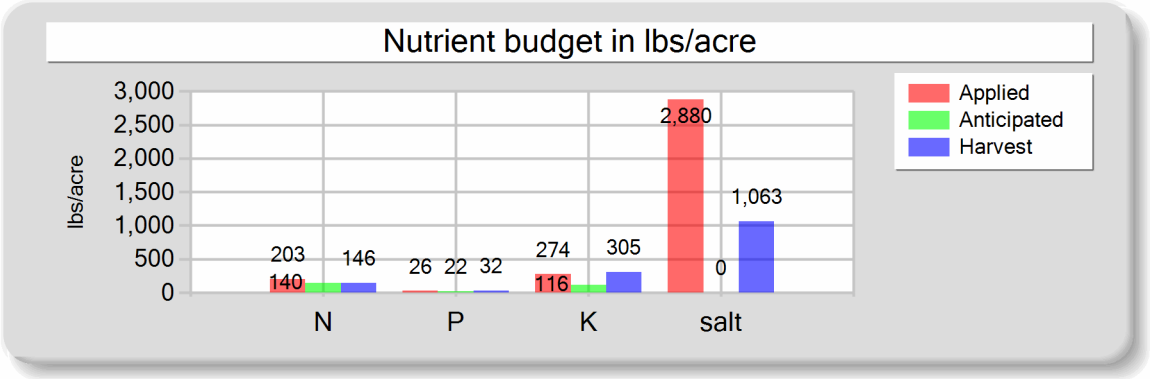

	Total N (lbs/acre)	Total P (lbs/acre)	Total K (lbs/acre)	Total salt (lbs/acre)
Existing soil nutrient content	0.00	0.00	0.00	0.00
Plowdown credit	0.00	0.00	0.00	0.00
Commercial fertilizer / Other	0.00	0.00	0.00	0.00
Dry manure	0.00	0.00	0.00	0.00
Process wastewater	195.80	25.73	273.66	2,879.69
Fresh water	0.00	0.00	0.00	0.00
Atmospheric deposition	7.00	0.00	0.00	0.00
Total nutrients applied	202.80	25.73	273.66	2,879.69
Anticipated crop nutrient removal	140.00	22.40	116.20	0.00
Actual crop nutrient removal	145.94	31.88	305.31	1,063.44
Nutrient balance	56.87	-6.14	-31.66	1,816.25
Applied to removed ratio	1.39	0.81	0.90	2.71

Fresh water applied	
0.00	*gallons*
0.00	*acre-inches*
0.00	*inches/acre*

Process wastewater applied	
733,530.00	*gallons*
27.01	*acre-inches*
2.25	*inches/acre*

Total harvests for the crop	
1	*harvests*

Field 4 - 06/14/2023: Corn, silage

Field name: Field 4 Crop: Corn, silage Plant date: 06/14/2023

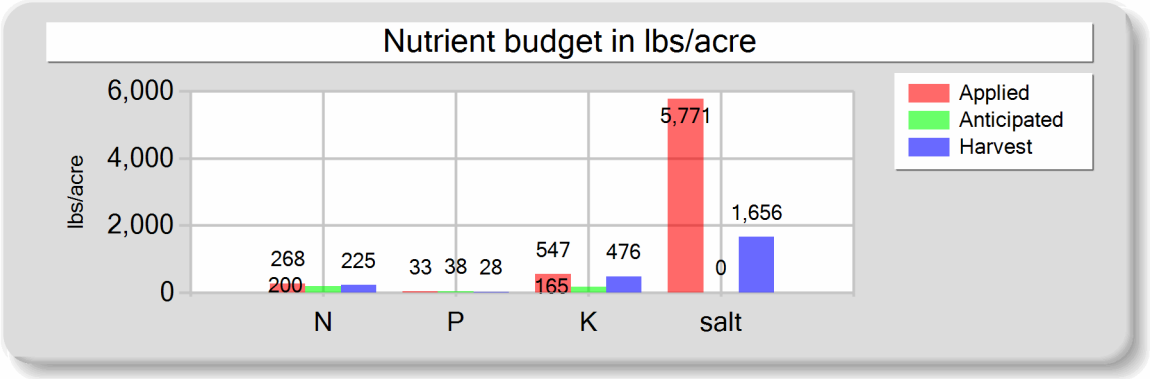

	Total N (lbs/acre)	Total P (lbs/acre)	Total K (lbs/acre)	Total salt (lbs/acre)
Existing soil nutrient content	0.00	0.00	0.00	0.00
Plowdown credit	0.00	0.00	0.00	0.00
Commercial fertilizer / Other	0.00	0.00	0.00	0.00
Dry manure	0.00	0.00	0.00	0.00
Process wastewater	234.42	32.61	546.91	4,177.37
Fresh water	26.12	0.00	0.00	1,593.42
Atmospheric deposition	7.00	0.00	0.00	0.00
Total nutrients applied	267.54	32.61	546.91	5,770.80
Anticipated crop nutrient removal	200.00	37.50	165.00	0.00
Actual crop nutrient removal	224.77	28.16	476.18	1,655.73
Nutrient balance	42.77	4.45	70.73	4,115.07
Applied to removed ratio	1.19	1.16	1.15	3.49

Fresh water applied	
9,834,000.00	*gallons*
362.15	*acre-inches*
30.18	*inches/acre*

Process wastewater applied	
934,440.00	*gallons*
34.41	*acre-inches*
2.87	*inches/acre*

Total harvests for the crop	
1	*harvests*

Field 5 - 10/30/2022: Ryegrass, hay

Field name: Field 5 Crop: Ryegrass, hay Plant date: 10/30/2022

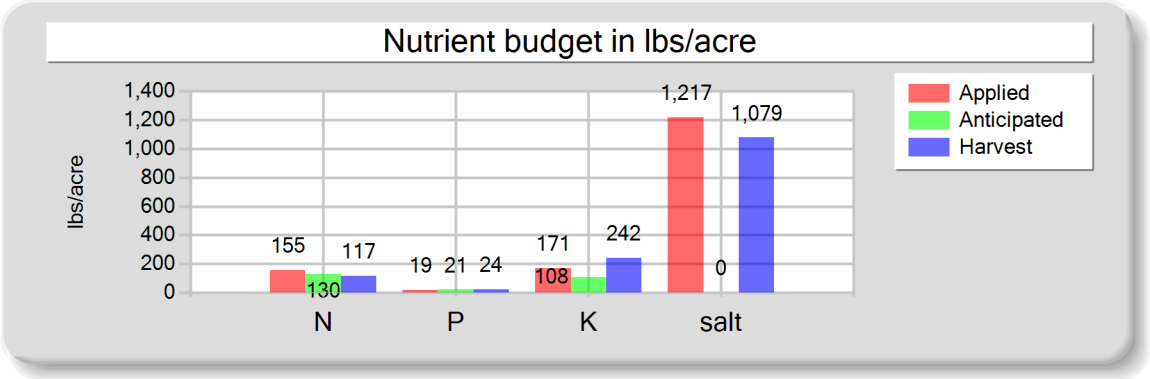

	Total N (lbs/acre)	Total P (lbs/acre)	Total K (lbs/acre)	Total salt (lbs/acre)
Existing soil nutrient content	0.00	0.00	0.00	0.00
Plowdown credit	0.00	0.00	0.00	0.00
Commercial fertilizer / Other	0.00	0.00	0.00	0.00
Dry manure	0.00	0.00	0.00	0.00
Process wastewater	148.39	18.86	170.93	1,217.17
Fresh water	0.00	0.00	0.00	0.00
Atmospheric deposition	7.00	0.00	0.00	0.00
Total nutrients applied	155.39	18.86	170.93	1,217.17
Anticipated crop nutrient removal	130.00	20.80	107.90	0.00
Actual crop nutrient removal	117.04	23.80	241.64	1,078.56
Nutrient balance	38.35	-4.94	-70.71	138.61
Applied to removed ratio	1.33	0.79	0.71	1.13

Fresh water applied	
0.00	*gallons*
0.00	*acre-inches*
0.00	*inches/acre*

Process wastewater applied	
810,310.00	*gallons*
29.84	*acre-inches*
1.66	*inches/acre*

Total harvests for the crop	
1	*harvests*

Field 5 - 06/15/2023: Corn, silage

Field name: Field 5 Crop: Corn, silage Plant date: 06/15/2023

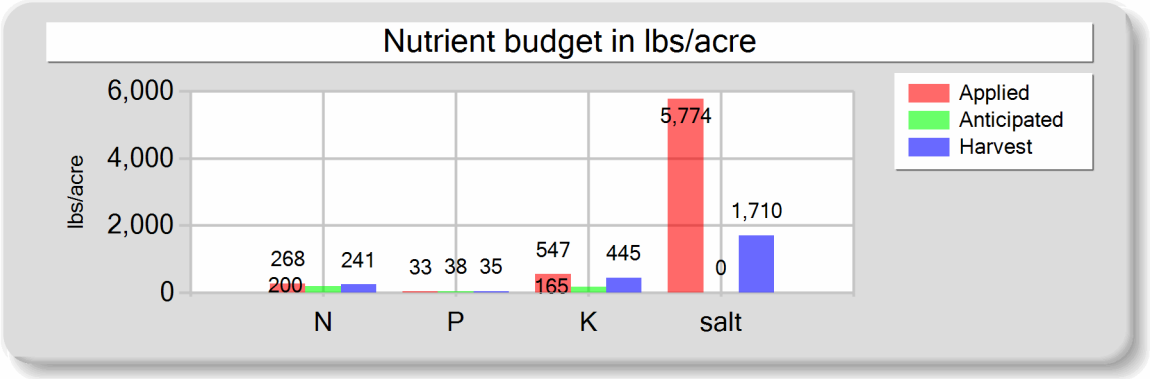

	Total N (lbs/acre)	Total P (lbs/acre)	Total K (lbs/acre)	Total salt (lbs/acre)
Existing soil nutrient content	0.00	0.00	0.00	0.00
Plowdown credit	0.00	0.00	0.00	0.00
Commercial fertilizer / Other	0.00	0.00	0.00	0.00
Dry manure	0.00	0.00	0.00	0.00
Process wastewater	234.42	32.61	546.91	4,177.37
Fresh water	26.18	0.00	0.00	1,596.99
Atmospheric deposition	7.00	0.00	0.00	0.00
Total nutrients applied	267.60	32.61	546.91	5,774.36
Anticipated crop nutrient removal	200.00	37.50	165.00	0.00
Actual crop nutrient removal	241.06	34.72	445.41	1,709.81
Nutrient balance	26.54	-2.11	101.50	4,064.55
Applied to removed ratio	1.11	0.94	1.23	3.38

Fresh water applied	
14,784,000.00	*gallons*
544.44	*acre-inches*
30.25	*inches/acre*

Process wastewater applied	
1,401,660.00	*gallons*
51.62	*acre-inches*
2.87	*inches/acre*

Total harvests for the crop	
1	*harvests*

Field 6 - 11/01/2022: Oats, silage-soft dough

Field name: Field 6 Crop: Oats, silage-soft dough Plant date: 11/01/2022

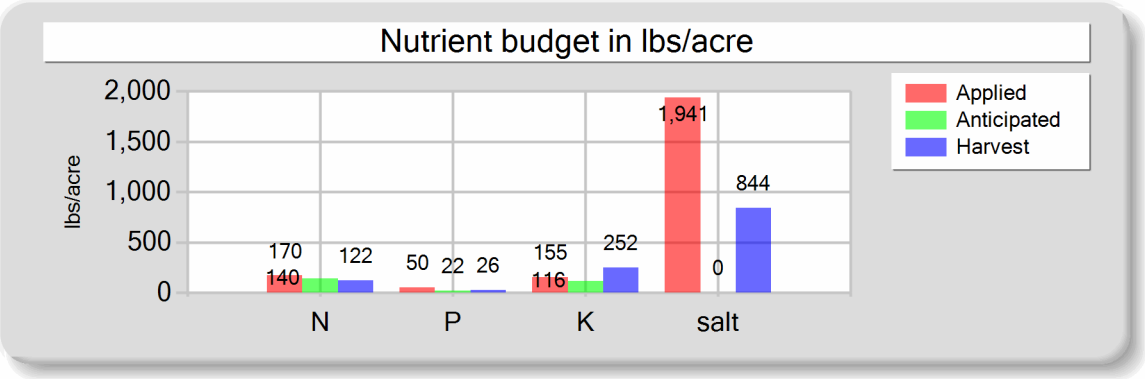

	Total N (lbs/acre)	Total P (lbs/acre)	Total K (lbs/acre)	Total salt (lbs/acre)
Existing soil nutrient content	0.00	0.00	0.00	0.00
Plowdown credit	0.00	0.00	0.00	0.00
Commercial fertilizer / Other	0.00	0.00	0.00	0.00
Dry manure	162.84	49.80	155.17	1,941.10
Process wastewater	0.00	0.00	0.00	0.00
Fresh water	0.00	0.00	0.00	0.00
Atmospheric deposition	7.00	0.00	0.00	0.00
Total nutrients applied	169.84	49.80	155.17	1,941.10
Anticipated crop nutrient removal	140.00	22.40	116.20	0.00
Actual crop nutrient removal	122.01	26.05	251.56	844.41
Nutrient balance	47.83	23.75	-96.39	1,096.69
Applied to removed ratio	1.39	1.91	0.62	2.30

Fresh water applied
0.00 *gallons*
0.00 *acre-inches*
0.00 *inches/acre*

Process wastewater applied
0.00 *gallons*
0.00 *acre-inches*
0.00 *inches/acre*

Total harvests for the crop
1 *harvests*

Field 6 - 06/11/2023: Corn, silage

Field name: Field 6 Crop: Corn, silage Plant date: 06/11/2023

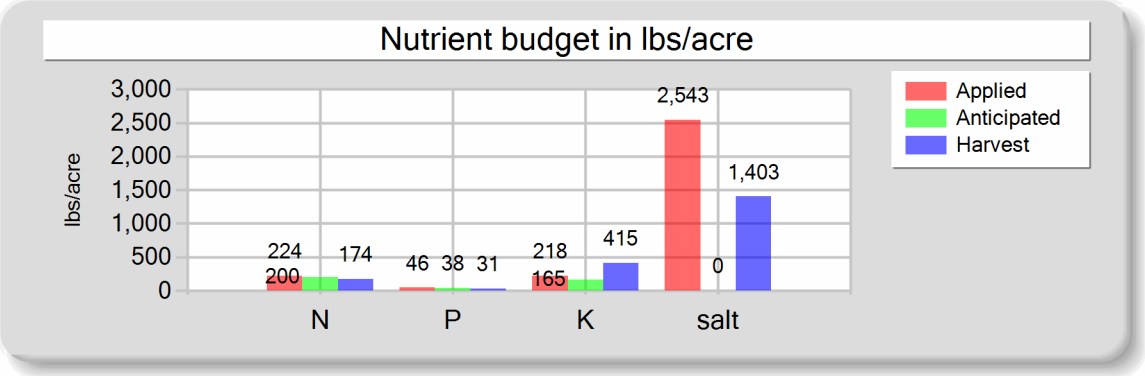

	Total N (lbs/acre)	Total P (lbs/acre)	Total K (lbs/acre)	Total salt (lbs/acre)
Existing soil nutrient content	0.00	0.00	0.00	0.00
Plowdown credit	0.00	0.00	0.00	0.00
Commercial fertilizer / Other	0.00	0.00	0.00	0.00
Dry manure	209.76	45.54	218.04	1,084.68
Process wastewater	0.00	0.00	0.00	0.00
Fresh water	7.26	0.00	0.00	1,458.56
Atmospheric deposition	7.00	0.00	0.00	0.00
Total nutrients applied	224.02	45.54	218.04	2,543.24
Anticipated crop nutrient removal	200.00	37.50	165.00	0.00
Actual crop nutrient removal	173.88	31.03	414.63	1,403.20
Nutrient balance	50.14	14.51	-196.59	1,140.05
Applied to removed ratio	1.29	1.47	0.53	1.81

Fresh water applied	
18,942,000.00	*gallons*
697.57	*acre-inches*
31.71	*inches/acre*

Process wastewater applied	
0.00	*gallons*
0.00	*acre-inches*
0.00	*inches/acre*

Total harvests for the crop	
1	*harvests*

Field 7 - 10/30/2022: Ryegrass, hay

Field name: Field 7 Crop: Ryegrass, hay Plant date: 10/30/2022

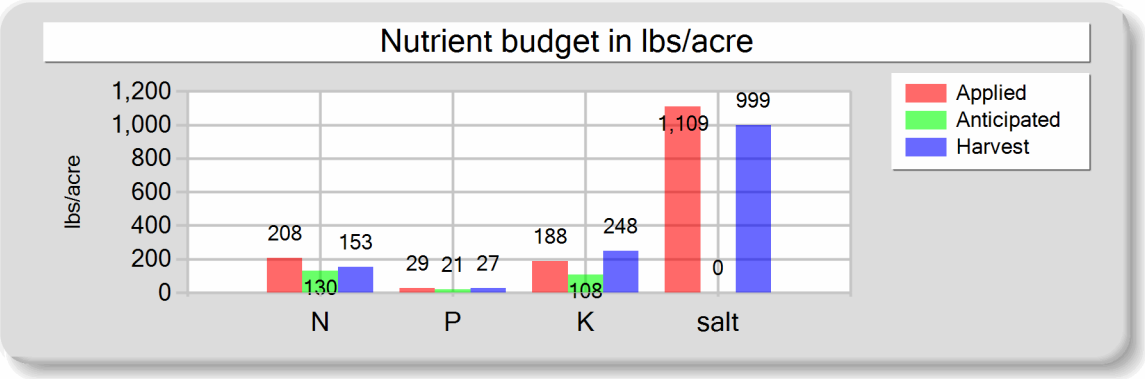

	Total N (lbs/acre)	Total P (lbs/acre)	Total K (lbs/acre)	Total salt (lbs/acre)
Existing soil nutrient content	0.00	0.00	0.00	0.00
Plowdown credit	0.00	0.00	0.00	0.00
Commercial fertilizer / Other	0.00	0.00	0.00	0.00
Dry manure	0.00	0.00	0.00	0.00
Process wastewater	201.29	28.52	187.83	1,109.29
Fresh water	0.00	0.00	0.00	0.00
Atmospheric deposition	7.00	0.00	0.00	0.00
Total nutrients applied	208.29	28.52	187.83	1,109.29
Anticipated crop nutrient removal	130.00	20.80	107.90	0.00
Actual crop nutrient removal	153.17	26.71	248.37	999.30
Nutrient balance	55.11	1.80	-60.55	110.00
Applied to removed ratio	1.36	1.07	0.76	1.11

Fresh water applied	
0.00	*gallons*
0.00	*acre-inches*
0.00	*inches/acre*

Process wastewater applied	
732,310.00	*gallons*
26.97	*acre-inches*
1.23	*inches/acre*

Total harvests for the crop	
1	*harvests*

Field 7 - 06/27/2023: Corn, silage

Field name: Field 7 Crop: Corn, silage Plant date: 06/27/2023

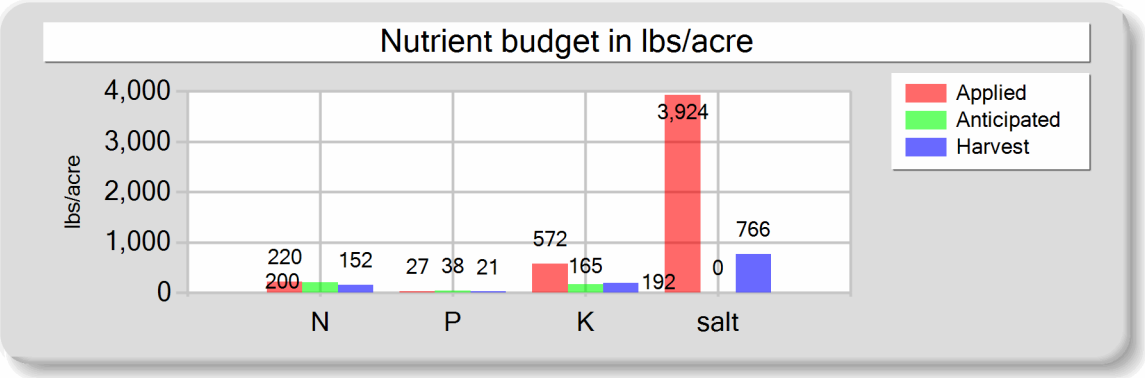

	Total N (lbs/acre)	Total P (lbs/acre)	Total K (lbs/acre)	Total salt (lbs/acre)
Existing soil nutrient content	0.00	0.00	0.00	0.00
Plowdown credit	0.00	0.00	0.00	0.00
Commercial fertilizer / Other	0.00	0.00	0.00	0.00
Dry manure	0.00	0.00	0.00	0.00
Process wastewater	190.65	27.07	571.96	2,582.01
Fresh water	22.00	0.00	0.00	1,341.63
Atmospheric deposition	7.00	0.00	0.00	0.00
Total nutrients applied	219.65	27.07	571.96	3,923.63
Anticipated crop nutrient removal	200.00	37.50	165.00	0.00
Actual crop nutrient removal	151.92	20.79	192.35	765.95
Nutrient balance	67.73	6.28	379.61	3,157.69
Applied to removed ratio	1.45	1.30	2.97	5.12

Fresh water applied	
15,180,000.00	*gallons*
559.03	*acre-inches*
25.41	*inches/acre*

Process wastewater applied	
1,436,070.00	*gallons*
52.89	*acre-inches*
2.40	*inches/acre*

Total harvests for the crop	
1	*harvests*

Field 8 - 06/12/2023: Grape

Field name: Field 8 Crop: Grape Plant date: 06/12/2023

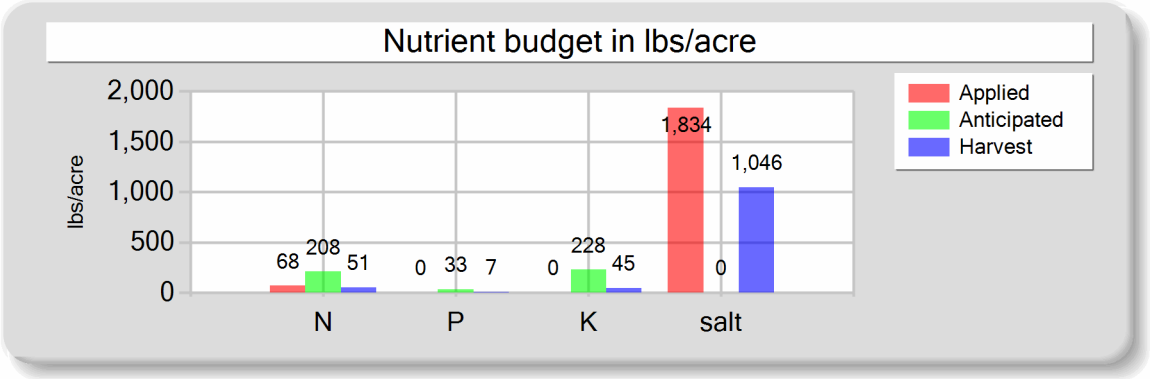

	Total N (lbs/acre)	Total P (lbs/acre)	Total K (lbs/acre)	Total salt (lbs/acre)
Existing soil nutrient content	0.00	0.00	0.00	0.00
Plowdown credit	0.00	0.00	0.00	0.00
Commercial fertilizer / Other	44.80	0.00	0.00	0.00
Dry manure	0.00	0.00	0.00	0.00
Process wastewater	0.00	0.00	0.00	0.00
Fresh water	9.12	0.00	0.00	1,833.62
Atmospheric deposition	14.00	0.00	0.00	0.00
Total nutrients applied	67.92	0.00	0.00	1,833.62
Anticipated crop nutrient removal	207.50	32.50	227.50	0.00
Actual crop nutrient removal	51.11	7.22	45.22	1,046.06
Nutrient balance	16.81	-7.22	-45.22	787.56
Applied to removed ratio	1.33	0.00	0.00	1.75

Fresh water applied	
33,554,400.00	*gallons*
1,235.69	*acre-inches*
39.86	*inches/acre*

Process wastewater applied	
0.00	*gallons*
0.00	*acre-inches*
0.00	*inches/acre*

Total harvests for the crop	
1	*harvests*

NUTRIENT ANALYSES

A. MANURE ANALYSES

Corral Solids

Sample and source description: Corral Solids

Sample date: 04/18/2023 Material type: Corral solids Source of analysis: Lab analysis Method of reporting: Dry-weight

Moisture: 58.1 %

	Total N (mg/kg)	Total P (mg/kg)	Total K (mg/kg)	Calcium (mg/kg)	Magnesium (mg/kg)	Sodium (mg/kg)	Sulfur (mg/kg)	Chloride (mg/kg)	Total salt (mg/kg)	TFS (%)
Value	27,500.00	14,300.00	50,500.00							27.60
DL	100.00	100.00	100.00							0.01

Separator Solids

Sample and source description: Separator Solids

Sample date: 04/18/2023 Material type: Separator solids Source of analysis: Lab analysis Method of reporting: Dry-weight

Moisture: 77.0 %

	Total N (mg/kg)	Total P (mg/kg)	Total K (mg/kg)	Calcium (mg/kg)	Magnesium (mg/kg)	Sodium (mg/kg)	Sulfur (mg/kg)	Chloride (mg/kg)	Total salt (mg/kg)	TFS (%)
Value	15,200.00	3,300.00	15,800.00							7.86
DL	100.00	100.00	100.00							0.01

Corral Solids

Sample and source description: Corral Solids

Sample date: 10/10/2023 Material type: Corral solids Source of analysis: Lab analysis Method of reporting: Dry-weight

Moisture: 60.4 %

	Total N (mg/kg)	Total P (mg/kg)	Total K (mg/kg)	Calcium (mg/kg)	Magnesium (mg/kg)	Sodium (mg/kg)	Sulfur (mg/kg)	Chloride (mg/kg)	Total salt (mg/kg)	TFS (%)
Value	30,400.00	10,400.00	42,500.00							22.20
DL	100.00	100.00	100.00							0.01

Separator Solids

Sample and source description: Separator Solids

Sample date: 10/10/2023 Material type: Separator solids Source of analysis: Lab analysis Method of reporting: Dry-weight

Moisture: 73.4 %

	Total N (mg/kg)	Total P (mg/kg)	Total K (mg/kg)	Calcium (mg/kg)	Magnesium (mg/kg)	Sodium (mg/kg)	Sulfur (mg/kg)	Chloride (mg/kg)	Total salt (mg/kg)	TFS (%)
Value	19,200.00	2,830.00	9,000.00							8.04
DL	100.00	100.00	100.00							0.01

B. PROCESS WASTEWATER ANALYSES

1QWW

Sample and source description: 1QWW

Sample date: 02/22/2023 Material type: Process wastewater Source of analysis: Lab analysis pH:

	Kjeldahl-N (mg/L)	NH4-N (mg/L)	NH3-N (mg/L)	Nitrate-N (mg/L)	Total P (mg/L)	Total K (mg/L)	Calcium (mg/L)	Magnes. (mg/L)	Sodium (mg/L)	Bicarb. (mg/L)	Carb. (mg/L)	Sulfate (mg/L)	Chloride (mg/L)	EC (µmhos/cm)	TDS (mg/L)
Value	395.00	241.00	0.00	0.00	50.20	455.00								4,760.00	3,240
DL	0.50	0.50	0.50	0.50	0.50	0.50								1.00	10

2QWW

Sample and source description: 2QWW

Sample date: 04/11/2023 Material type: Process wastewater Source of analysis: Lab analysis pH:

	Kjeldahl-N (mg/L)	NH4-N (mg/L)	NH3-N (mg/L)	Nitrate-N (mg/L)	Total P (mg/L)	Total K (mg/L)	Calcium (mg/L)	Magnes. (mg/L)	Sodium (mg/L)	Bicarb. (mg/L)	Carb. (mg/L)	Sulfate (mg/L)	Chloride (mg/L)	EC (µmhos/cm)	TDS (mg/L)
Value	372.00	213.00	0.00	0.00	50.70	623.00								5,150.00	8,200
DL	0.50	0.50	0.50	0.50	0.50	0.50								1.00	10

3QWW

Sample and source description: 3QWW

Sample date: 07/25/2023 Material type: Process wastewater Source of analysis: Lab analysis pH:

	Kjeldahl-N (mg/L)	NH4-N (mg/L)	NH3-N (mg/L)	Nitrate-N (mg/L)	Total P (mg/L)	Total K (mg/L)	Calcium (mg/L)	Magnes. (mg/L)	Sodium (mg/L)	Bicarb. (mg/L)	Carb. (mg/L)	Sulfate (mg/L)	Chloride (mg/L)	EC (µmhos/cm)	TDS (mg/L)
Value	350.00	210.00	0.00	0.00	49.70	1,050.00								6,360.00	4,740
DL	0.50	0.50	0.50	0.50	0.50	0.50								1.00	10

Slurry

Sample and source description: Slurry

Sample date: 10/04/2023 Material type: Process wastewater sludge Source of analysis: Lab analysis pH:

	Kjeldahl-N (mg/L)	NH4-N (mg/L)	NH3-N (mg/L)	Nitrate-N (mg/L)	Total P (mg/L)	Total K (mg/L)	Calcium (mg/L)	Magnes. (mg/L)	Sodium (mg/L)	Bicarb. (mg/L)	Carb. (mg/L)	Sulfate (mg/L)	Chloride (mg/L)	EC (µmhos/cm)	TDS (mg/L)
Value	333.00	5.60	0.00	0.00	137.00	1,170.00								4,590.00	2,280
DL	0.50	0.50	0.50	0.50	0.50	0.50								1.00	10

4QWW

Sample and source description: 4QWW

Sample date: 10/31/2023 Material type: Process wastewater Source of analysis: Lab analysis pH:

	Kjeldahl-N (mg/L)	NH4-N (mg/L)	NH3-N (mg/L)	Nitrate-N (mg/L)	Total P (mg/L)	Total K (mg/L)	Calcium (mg/L)	Magnes. (mg/L)	Sodium (mg/L)	Bicarb. (mg/L)	Carb. (mg/L)	Sulfate (mg/L)	Chloride (mg/L)	EC (µmhos/cm)	TDS (mg/L)
Value	899.00	456.00	0.00	0.00	112.00	953.00								6,540.00	4,000
DL	0.50	0.50	0.50	0.50	0.50	0.50								1.00	10

C. FRESH WATER ANALYSES

IW F4

IW F4

Fresh Water

Sample description: Fresh Water

Sample date: 09/27/2023 Source of analysis: Lab analysis

	Total N (mg/L)	NH4-N (mg/L)	Nitrate-N (mg/L)	Calcium (mg/L)	Magnesium (mg/L)	Sodium (mg/L)	Bicarbonate (mg/L)	Carbonate (mg/L)	Sulfate (mg/L)	Chloride (mg/L)	EC (µmhos/cm)	TDS (mg/L)
Value	3.82	0.00	3.60								340.00	233
DL	0.50	0.50	0.50								1.00	10

IW Tony's

Fresh Water

Sample description: Fresh Water

Sample date: 09/27/2023 Source of analysis: Lab analysis

	Total N (mg/L)	NH4-N (mg/L)	Nitrate-N (mg/L)	Calcium (mg/L)	Magnesium (mg/L)	Sodium (mg/L)	Bicarbonate (mg/L)	Carbonate (mg/L)	Sulfate (mg/L)	Chloride (mg/L)	EC (µmhos/cm)	TDS (mg/L)
Value	1.01	0.00	0.60								280.00	203
DL	0.50	0.50	0.50								1.00	10

D. SOIL ANALYSES

Field 1

Soils

Sample and source description: Soils

Sample date: 11/15/2023 Source of analysis: Lab analysis

	Nitrate-N (mg/kg)	Total P (mg/kg)	Soluble P (mg/kg)	K (mg/kg)	EC (µmhos/cm)	Organic matter (%)	Total salt (mg/kg)
Value			119.00				
DL			4.00				

Field 2

Soils

Sample and source description: Soils

Sample date: 11/15/2023 Source of analysis: Lab analysis

	Nitrate-N (mg/kg)	Total P (mg/kg)	Soluble P (mg/kg)	K (mg/kg)	EC (µmhos/cm)	Organic matter (%)	Total salt (mg/kg)
Value			119.00				
DL			4.00				

Field 3

Soils

Sample and source description: Soils

Sample date: 11/15/2023 Source of analysis: Lab analysis

	Nitrate-N (mg/kg)	Total P (mg/kg)	Soluble P (mg/kg)	K (mg/kg)	EC (µmhos/cm)	Organic matter (%)	Total salt (mg/kg)
Value			119.00				
DL			4.00				

Field 4

Soils

Sample and source description: Soils

Sample date: 11/15/2023 Source of analysis: Lab analysis

	Nitrate-N (mg/kg)	Total P (mg/kg)	Soluble P (mg/kg)	K (mg/kg)	EC (µmhos/cm)	Organic matter (%)	Total salt (mg/kg)
Value			119.00				
DL			4.00				

Field 5

Field 5

Soils

Sample and source description: Soils

Sample date: 11/15/2023 Source of analysis: Lab analysis

	Nitrate-N (mg/kg)	Total P (mg/kg)	Soluble P (mg/kg)	K (mg/kg)	EC (µmhos/cm)	Organic matter (%)	Total salt (mg/kg)
Value			117.00				
DL			4.00				

Field 6

Soils

Sample and source description: Soils

Sample date: 11/15/2023 Source of analysis: Lab analysis

	Nitrate-N (mg/kg)	Total P (mg/kg)	Soluble P (mg/kg)	K (mg/kg)	EC (µmhos/cm)	Organic matter (%)	Total salt (mg/kg)
Value			58.00				
DL			4.00				

Field 7

Soils

Sample and source description: Soils

Sample date: 11/15/2023 Source of analysis: Lab analysis

	Nitrate-N (mg/kg)	Total P (mg/kg)	Soluble P (mg/kg)	K (mg/kg)	EC (µmhos/cm)	Organic matter (%)	Total salt (mg/kg)
Value			117.00				
DL			4.00				

E. PLANT TISSUE ANALYSES

Field 1 - 10/30/2022: Ryegrass, hay

Field 1 - 10/30/2022: Ryegrass, hay

Forage

Sample and source description: Forage

Sample date: 05/15/2023 Source of analysis: Lab analysis Method of reporting: As-is

Moisture: 47.9 %

	Total N (mg/kg)	Total P (mg/kg)	Total K (mg/kg)	Total salt (mg/kg)	TFS (%)
Value	7,350.00	1,180.00	12,400.00		8.56
DL	100.00	100.00	100.00		0.01

Field 1 - 06/12/2023: Corn, silage

Corn Silage

Sample and source description: Corn Silage

Sample date: 10/10/2023 Source of analysis: Lab analysis Method of reporting: As-is

Moisture: 71.4 %

	Total N (mg/kg)	Total P (mg/kg)	Total K (mg/kg)	Total salt (mg/kg)	TFS (%)
Value	4,830.00	610.00	9,620.00		12.80
DL	100.00	100.00	100.00		0.01

Field 2 - 10/30/2022: Ryegrass, hay

Forage

Sample and source description: Forage

Sample date: 05/10/2023 Source of analysis: Lab analysis Method of reporting: As-is

Moisture: 72.8 %

	Total N (mg/kg)	Total P (mg/kg)	Total K (mg/kg)	Total salt (mg/kg)	TFS (%)
Value	5,220.00	980.00	10,000.00		13.50
DL	100.00	100.00	100.00		0.01

Field 2 - 06/13/2023: Corn, silage

Corn Silage

Sample and source description: Corn Silage

Sample date: 10/10/2023 Source of analysis: Lab analysis Method of reporting: As-is

Moisture: 69.4 %

	Total N (mg/kg)	Total P (mg/kg)	Total K (mg/kg)	Total salt (mg/kg)	TFS (%)
Value	4,380.00	530.00	9,600.00		12.10
DL	100.00	100.00	100.00		0.01

Field 3 - 10/29/2022: Oats, silage-soft dough

Forage

Sample and source description: Forage

Sample date: 05/10/2023 Source of analysis: Lab analysis Method of reporting: As-is

Moisture: 70.4 %

	Total N (mg/kg)	Total P (mg/kg)	Total K (mg/kg)	Total salt (mg/kg)	TFS (%)
Value	5,210.00	880.00	8,290.00		10.30
DL	100.00	100.00	100.00		0.01

Field 3 - 06/14/2023: Corn, silage

Corn Silage

Sample and source description: Corn Silage

Sample date: 10/10/2023 Source of analysis: Lab analysis Method of reporting: As-is

Moisture: 67.8 %

	Total N (mg/kg)	Total P (mg/kg)	Total K (mg/kg)	Total salt (mg/kg)	TFS (%)
Value	4,440.00	680.00	4,860.00		5.80
DL	100.00	100.00	100.00		0.01

Field 4 - 10/29/2022: Oats, silage-soft dough

Forage

Sample and source description: Forage

Sample date: 05/10/2023 Source of analysis: Lab analysis Method of reporting: As-is

Moisture: 59.0 %

	Total N (mg/kg)	Total P (mg/kg)	Total K (mg/kg)	Total salt (mg/kg)	TFS (%)
Value	4,670.00	1,020.00	9,770.00		8.30
DL	100.00	100.00	100.00		0.01

Field 4 - 06/14/2023: Corn, silage

Corn Silage

Sample and source description: Corn Silage

Sample date: 10/10/2023 Source of analysis: Lab analysis Method of reporting: As-is

Moisture: 70.6 %

	Total N (mg/kg)	Total P (mg/kg)	Total K (mg/kg)	Total salt (mg/kg)	TFS (%)
Value	4,470.00	560.00	9,470.00		11.20
DL	100.00	100.00	100.00		0.01

Field 5 - 10/30/2022: Ryegrass, hay

Forage

Sample and source description: Forage

Sample date: 05/03/2023 Source of analysis: Lab analysis Method of reporting: As-is

Moisture: 64.0 %

	Total N (mg/kg)	Total P (mg/kg)	Total K (mg/kg)	Total salt (mg/kg)	TFS (%)
Value	4,180.00	850.00	8,630.00		10.70
DL	100.00	100.00	100.00		0.01

Field 5 - 06/15/2023: Corn, silage

Corn Silage

Sample and source description: Corn Silage

Sample date: 10/10/2023 Source of analysis: Lab analysis Method of reporting: As-is

Moisture: 75.2 %

	Total N (mg/kg)	Total P (mg/kg)	Total K (mg/kg)	Total salt (mg/kg)	TFS (%)
Value	4,860.00	700.00	8,980.00		13.90
DL	100.00	100.00	100.00		0.01

Field 6 - 11/01/2022: Oats, silage-soft dough

Forage

Sample and source description: Forage

Sample date: 05/10/2023 Source of analysis: Lab analysis Method of reporting: As-is

Moisture: 74.6 %

	Total N (mg/kg)	Total P (mg/kg)	Total K (mg/kg)	Total salt (mg/kg)	TFS (%)
Value	3,560.00	760.00	7,340.00		9.70
DL	100.00	100.00	100.00		0.01

Field 6 - 06/11/2023: Corn, silage

Corn Silage

Sample and source description: Corn Silage

Sample date: 10/10/2023 Source of analysis: Lab analysis Method of reporting: As-is

Moisture: 68.4 %

	Total N (mg/kg)	Total P (mg/kg)	Total K (mg/kg)	Total salt (mg/kg)	TFS (%)
Value	3,250.00	580.00	7,750.00		8.30
DL	100.00	100.00	100.00		0.01

Field 7 - 10/30/2022: Ryegrass, hay

Forage

Sample and source description: Forage

Sample date: 05/10/2023 Source of analysis: Lab analysis Method of reporting: As-is

Moisture: 70.2 %

	Total N (mg/kg)	Total P (mg/kg)	Total K (mg/kg)	Total salt (mg/kg)	TFS (%)
Value	5,390.00	940.00	8,740.00		11.80
DL	100.00	100.00	100.00		0.01

Field 7 - 06/27/2023: Corn, silage

Corn Silage

Sample and source description: Corn Silage

Sample date: 10/17/2023 Source of analysis: Lab analysis Method of reporting: As-is

Moisture: 77.9 %

	Total N (mg/kg)	Total P (mg/kg)	Total K (mg/kg)	Total salt (mg/kg)	TFS (%)
Value	2,630.00	360.00	3,330.00		6.00
DL	100.00	100.00	100.00		0.01

Field 8 - 06/12/2023: Grape

Grapes

Sample and source description: Grapes

Sample date: 10/11/2022 Source of analysis: Lab analysis Method of reporting: As-is

Moisture: 70.4 %

	Total N (mg/kg)	Total P (mg/kg)	Total K (mg/kg)	Total salt (mg/kg)	TFS (%)
Value	2,690.00	380.00	2,380.00		18.60
DL	100.00	100.00	100.00		0.01

F. SUBSURFACE (TILE) DRAINAGE ANALYSES

No subsurface (tile) drainage analyses entered.

NUTRIENT APPLICATIONS, POTENTIAL REMOVAL, AND BALANCE

A. SUMMARY OF NUTRIENT APPLICATIONS, POTENTIAL REMOVAL, AND BALANCE

	Total N (lbs)	Total P (lbs)	Total K (lbs)	Total salt (lbs)
Existing soil nutrient content	0.00	0.00	0.00	0.00
Plowdown credit	0.00	0.00	0.00	0.00
Commercial fertilizer / Other	1,388.80	0.00	0.00	0.00
Dry manure	8,197.20	2,097.39	8,210.62	66,567.16
Process wastewater	45,769.03	6,333.04	85,413.59	632,842.35
Fresh water	3,158.65	0.00	0.00	254,604.01
Atmospheric deposition	2,254.00	0.00	0.00	0.00
Total nutrients applied	60,767.68	8,430.43	93,624.21	954,013.51
Anticipated crop nutrient removal	49,842.50	8,668.10	42,952.80	0.00
Actual crop nutrient removal	47,376.49	7,501.59	85,616.75	346,683.40
Nutrient balance	13,391.19	928.85	8,007.46	607,330.12
Applied to removed ratio	1.28	1.12	1.09	2.75

B. POUNDS OF NUTRIENT APPLIED VS. CROP REMOVAL

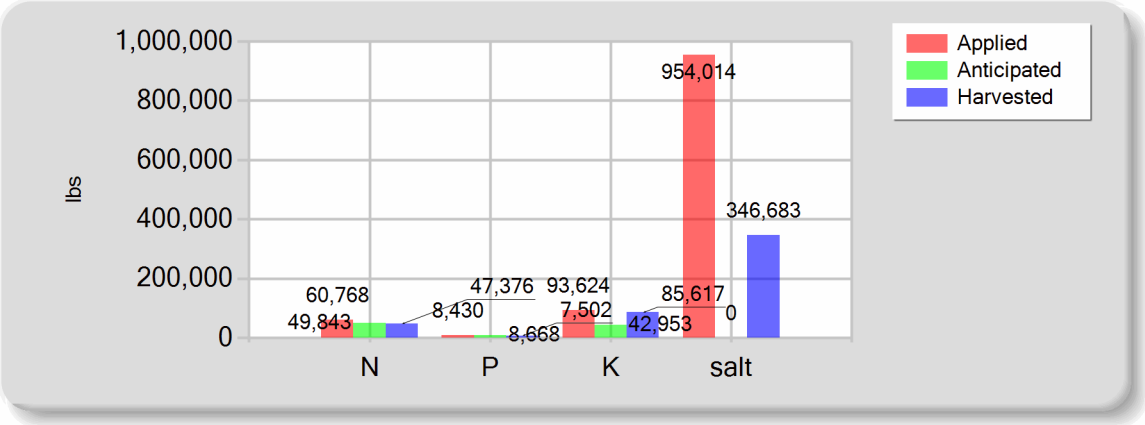

C. POUNDS OF NUTRIENT APPLIED BY MATERIAL TYPE

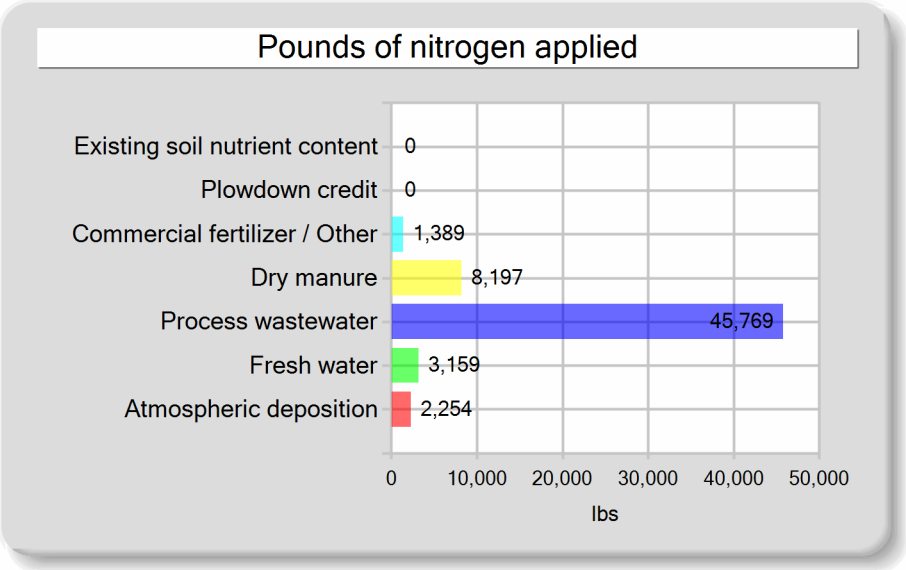

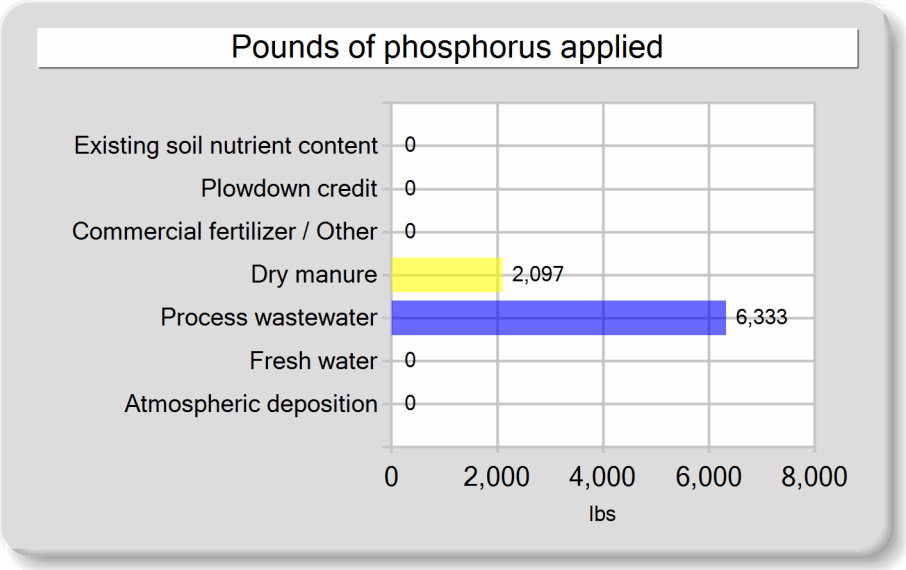

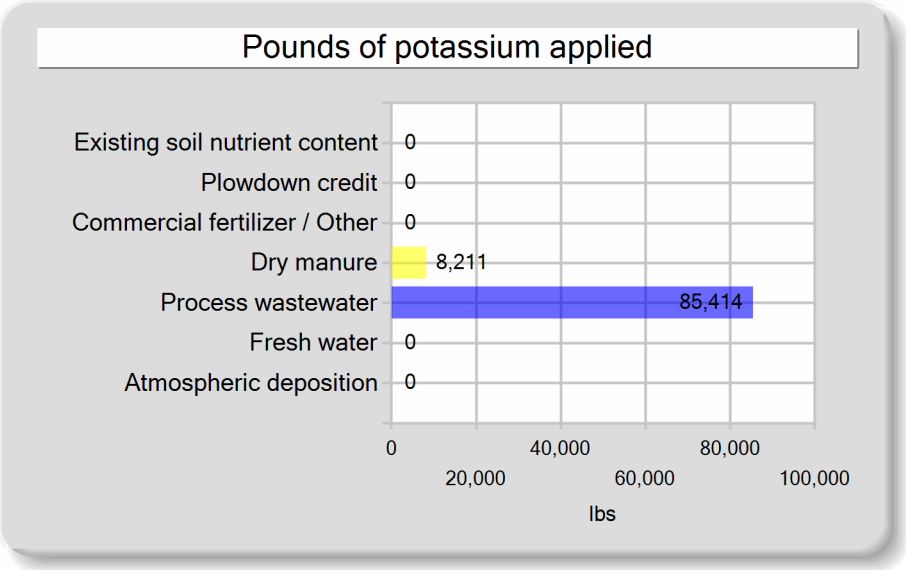

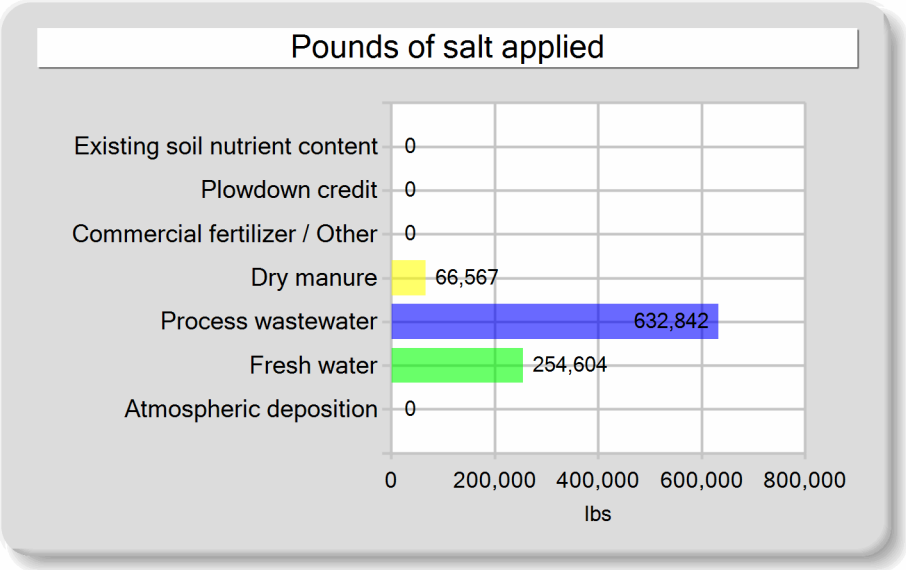

EXCEPTION REPORTING

A. MANURE, PROCESS WASTEWATER, AND OTHER DAIRY WASTE DISCHARGES

The following is a summary of all manure and process wastewater discharges from the production area to surface water or to land areas (land application areas or otherwise) when not in accordance with the facility's Nutrient Management Plan.

No manure or process wastewater discharges occurred during the reporting period.

B. STORM WATER DISCHARGES

The following is a summary of all storm water discharges from the production area to surface water during the reporting period when not in accordance with the facility 's Nutrient Management Plan.

No stormwater discharges occurred during the reporting period.

C. LAND APPLICATION AREA TO SURFACE WATER DISCHARGES

The following is a summary of all discharges from the land application area to surface water that have occurred during the reporting period when not in accordance with the facility's Nutrient Management Plan.

No land application area to surface water discharges occurred during the reporting period.

NUTRIENT MANAGEMENT PLAN AND EXPORT AGREEMENT STATEMENTS

A. NUTRIENT MANAGEMENT PLAN STATEMENTS

Was the facility's NMP updated in the reporting period?	Yes
Was the facility's NMP developed by a certified nutrient management planner (specialist) as specified in Attachment C of the General Order?	Yes
Was the facility's NMP approved by a certified nutrient management planner (specialist) as specified in Attachment C of the General Order?	Yes

B. EXPORT AGREEMENT STATEMENT

Are there any written agreements with third parties to receive manure or process wastewater that are new or were revised within the reporting period?	No

ADDITIONAL NOTES

A. NOTES

Field 7 Corn (1.45) had a high nitrogen field ratio as field failed to meet anticipated removal of 200 pounds of nitrogen/acre. The subject field removed only 151.9 pounds of nitrogen/acre. Yield for the crop was adequate however a low nitrogen value from the plant tissue lab analysis resulted in only 5.26 pounds of nitrogen removed per harvested ton compared to the anticipated 8 pounds of nitrogen removed per harvested ton which ultimately led to the high nitrogen field ratio. Nitrogen application to the field was not considered excessive but in-line with that recommended in the dairy's nutrient management plan.

CERTIFICATION

A. OWNER AND/OR OPERATOR CERTIFICATION

I certify under penalty of law that I have personally examined and am familiar with the information submitted in this document and all attachments and that, based on my inquiry of those individuals immediately responsible for obtaining the information, I believe that the information is true, accurate, and complete. I am aware that there are significant penalties for submitting false information, including the possibility of fine and imprisonment.

Joe Silva	James M Silva (Jun 5, 2024 09:47 PDT)
SIGNATURE OF OWNER OF FACILITY	SIGNATURE OF OPERATOR OF FACILITY
Joe Silva	James Silva
PRINT OR TYPE NAME	PRINT OR TYPE NAME
6/5/2023	Jun 5, 2024
DATE	DATE

ATTACHMENTS

A. REQUIRED ATTACHMENTS

The following lists the required documents that should be attached to the Annual Report when submitted .

Annual Dairy Facility Assessment
Provide an Annual Dairy Facility Assessment (an update to the Preliminary Dairy Facility Assessment in Attachment A) for each reporting period. On the PDFA Final page, click on the ADFA Report button to generate an ADFA report after updating information as needed .

Manure/Process Wastewater Tracking Manifests
Provide copies of all manure/process wastewater tracking manifests for the reporting period, signed by both the owner/operator and the hauler.

Corrective Actions Documents
Provide records documenting any corrective actions taken to correct deficiencies noted as a result of the inspections required in the Monitoring Requirements of the General Order. Deficiencies not corrected in 30 days must be accompanied by an explanation of the factors preventing immediate correction.

Groundwater Monitoring
Dischargers that monitor supply wells or subsurface (tile) drainage systems, or that have monitoring well systems must submit monitoring results as directed in the General Order, Groundwater Reporting Section starting on page MRP-13.

Storm Water Monitoring
Dischargers that are required to monitor storm water more frequently than required in the General Order must submit monitoring results as directed in the General Order, Storm Water Reporting Section on page MRP-14.

ATTACHMENT D

Manure/Process Wastewater Tracking Manifest
For
Existing Milk Cow Dairies

Instructions:

1) Complete one manifest for each hauling event, for each destination. A hauling event may last for several days, as long as the manure is being hauled to the same destination.
2) If there are multiple destinations, **complete a separate form for each destination**.
3) The operator must obtain the signature of the hauler upon completion of each manure-hauling event.
4) The operator shall submit copies of manure/process wastewater tracking manifest(s) with the Annual Monitoring Report for Existing Milk Cow Dairies.

Operator Information:

Name of Operator: James Silva

Name of Dairy Facility: Silva Brothers Dairy #1

Facility Address: 12997 E. Peltier Road, Acampo, CA 95220
Number and Street City Zip Code

Contact Person Name and Phone Number: James Silva 209-321-1318
Name Phone Number

Manure/Process Wastewater Hauler Information:

Name of Hauling Company/Person: Silva's Liquid Injection

Address of Hauling Company /Person: 22600 N. Pearl Road, Acampo, CA 95220
Number and Street City Zip Code

Contact Person: James Silva 209-321-1318
Name Phone Number

Destination Information:

Composting Facility / Broker / Farmer / Other (identify) _____ (please circle one)

Contact information of Composting Facility, Broker, Farmer, or Other (as identified above):

Clyde Culbertson 22901 S. Pearl Road, Acampo, CA 95220
Name Number and Street City Zip Code Phone Number

Manure/Process Wastewater Destination Address or Assessor's Parcel Number:

22901 S. Pearl Road, Acampo, CA 95220 007-28-029
Number and Street City Zip Code Assessor's Parcel Number

Dates Hauled: 6/2/2023 to 6/10/2023

Amount Hauled:

Enter the amount of manure hauled in tons or cubic yards (indicate the units used), the manure solids content (if amount reported in tons) or manure density (if amount reported in cubic yards), and the method used to calculate the amount:

Manure: _____Tons or Cubic Yards (indicate which units used)
Manure Solids Content (if amount reported in tons): _____
Manure Density (if amount reported in cubic yards): _____

Method used to determine amount of manure: _____

_____

Enter the amount of process wastewater hauled in gallons and the method used to determine the amount.

Process Wastewater: 5,601,125 Gallons

Method used to determine volume of process wastewater: _____

Haulers Calculations

Written Agreement:
Does the Operator have a written agreement (in compliance with Land Application Specification E.3 of Reissued Waste Discharge Requirements General Order No. R5-2007-0035-R) with any party that receives process wastewater from the Operator for its own use? (please check one)

____ Yes _____ No

If the answer is no, the Operator agrees to have such a written agreement with any such party for any process wastewater transferred after **31 December 2007** to such party.
_____ (Operator shall provide initials here to acknowledge this requirement).

Certification:
I declare under the penalty of law that I personally examined and am familiar with the information submitted in this document, and that based on my inquiry of those individuals immediately responsible for obtaining the information, I believe that the information is true, accurate, and complete. I am aware that there are significant penalties for submitting false information, including the possibility of a fine and imprisonment for knowing violations.

Operator's Signature: James M Silva (Jun 5, 2024 09:47 PDT) Date: 6/10/23

Hauler's Signature: James M Silva (Jun 5, 2024 09:47 PDT) Date: 6/10/23

ATTACHMENT D

Manure/Process Wastewater Tracking Manifest
For
Existing Milk Cow Dairies

Instructions:

1) Complete one manifest for each hauling event, for each destination. A hauling event may last for several days, as long as the manure is being hauled to the same destination.
2) If there are multiple destinations, **complete a separate form for each destination**.
3) The operator must obtain the signature of the hauler upon completion of each manure-hauling event.
4) The operator shall submit copies of manure/process wastewater tracking manifest(s) with the Annual Monitoring Report for Existing Milk Cow Dairies.

Operator Information:
Name of Operator: James Silva

Name of Dairy Facility: Silva Brothers Dairy #1

Facility Address: 12997 E. Peltier Road, Acampo, CA 95220
Number and Street City Zip Code

Contact Person Name and Phone Number: James Silva 209-321-1318
Name Phone Number

Manure/Process Wastewater Hauler Information:
Name of Hauling Company/Person: Silva Brothers Dairy #1

Address of Hauling Company /Person: 12997 E. Peltier Road, Acampo, CA 95220
Number and Street City Zip Code

Contact Person: James Silva 209-321-1318
Name Phone Number

Destination Information:
Composting Facility / Broker / Farmer / Other (identify) _____ (please circle one)

Contact information of Composting Facility, Broker, Farmer, or Other (as identified above):

Robert Petttersen 20560 HWY 99 E. Frontage Road, Acampo, CA 95220
Name Number and Street City Zip Code Phone Number

Manure/Process Wastewater Destination Address or Assessor's Parcel Number:

20560 HWY 99 E. Frontage Road, Acampo, CA 95220 017-031-025
Number and Street City Zip Code Assessor's Parcel Number

Dates Hauled: 4/30/2023

Amount Hauled:
Enter the amount of manure hauled in tons or cubic yards (indicate the units used), the manure solids content (if amount reported in tons) or manure density (if amount reported in cubic yards), and the method used to calculate the amount:

Manure: 300 Tons or Cubic Yards (indicate which units used)
Manure Solids Content (if amount reported in tons): 58.1% moisture
Manure Density (if amount reported in cubic yards): _____

Method used to determine amount of manure: _____

30 Loads at 10 ton per load.

Enter the amount of process wastewater hauled in gallons and the method used to determine the amount.

Process Wastewater: _____ Gallons

Method used to determine volume of process wastewater: _____

_____

Written Agreement:
Does the Operator have a written agreement (in compliance with Land Application Specification E.3 of Reissued Waste Discharge Requirements General Order No. R5-2007-0035-R) with any party that receives process wastewater from the Operator for its own use? (please check one)

____ Yes _____ No

If the answer is no, the Operator agrees to have such a written agreement with any such party for any process wastewater transferred after **31 December 2007** to such party.
_____ (Operator shall provide initials here to acknowledge this requirement).

Certification:
I declare under the penalty of law that I personally examined and am familiar with the information submitted in this document, and that based on my inquiry of those individuals immediately responsible for obtaining the information, I believe that the information is true, accurate, and complete. I am aware that there are significant penalties for submitting false information, including the possibility of a fine and imprisonment for knowing violations.

Operator's Signature: James M Silva (Jun 5, 2024 09:47 PDT) Date: 5/05/23

Hauler's Signature: James M Silva (Jun 5, 2024 09:47 PDT) Date: 5/05/23

ATTACHMENT D

Manure/Process Wastewater Tracking Manifest
For
Existing Milk Cow Dairies

Instructions:

1) Complete one manifest for each hauling event, for each destination. A hauling event may last for several days, as long as the manure is being hauled to the same destination.
2) If there are multiple destinations, **complete a separate form for each destination**.
3) The operator must obtain the signature of the hauler upon completion of each manure-hauling event.
4) The operator shall submit copies of manure/process wastewater tracking manifest(s) with the Annual Monitoring Report for Existing Milk Cow Dairies.

Operator Information:

Name of Operator: James Silva

Name of Dairy Facility: Silva Brothers Dairy #1

Facility Address: 12997 E. Peltier Road, Acampo, CA 95220
Number and Street City Zip Code

Contact Person Name and Phone Number: James Silva 209-321-1318
Name Phone Number

Manure/Process Wastewater Hauler Information:

Name of Hauling Company/Person: Silva Brothers Dairy

Address of Hauling Company /Person: 12997 E. Peltier Road, Acampo, CA 95220
Number and Street City Zip Code

Contact Person: James Silva 209-321-1318
Name Phone Number

Destination Information:

Composting Facility / Broker / Farmer / Other (identify) _____ (please circle one)

Contact information of Composting Facility, Broker, Farmer, or Other (as identified above):

Rodney Schatz 16100 Alpine Road, Lodi, CA 9524 209-369-3321
Name Number and Street City Zip Code Phone Number

Manure/Process Wastewater Destination Address or Assessor's Parcel Number:

18247 N. Treathway Road, Lockeford, CA 95237 051-016-012
Number and Street City Zip Code Assessor's Parcel Number

Dates Hauled: 4/22/23

Amount Hauled:

Enter the amount of manure hauled in tons or cubic yards (indicate the units used), the manure solids content (if amount reported in tons) or manure density (if amount reported in cubic yards), and the method used to calculate the amount:

Manure: 640 Tons or Cubic Yards (indicate which units used)
Manure Solids Content (if amount reported in tons): 58.1% Moisture
Manure Density (if amount reported in cubic yards): _____

Method used to determine amount of manure: _____

64 Loads at 10 ton per load

Enter the amount of process wastewater hauled in gallons and the method used to determine the amount.

Process Wastewater: _____ Gallons

Method used to determine volume of process wastewater: _____

_____

Written Agreement:
Does the Operator have a written agreement (in compliance with Land Application Specification C.2 of Waste Discharge Requirements General Order No. R5-2007-0035) with any party that receives process wastewater from the Operator for its own use? (please check one)

____ Yes _____ No

If the answer is no, the Operator agrees to have such a written agreement with any such party for any process wastewater transferred after **31 December 2007** to such party.
_____ (Operator shall provide initials here to acknowledge this requirement).

Certification:
I declare under the penalty of law that I personally examined and am familiar with the information submitted in this document, and that based on my inquiry of those individuals immediately responsible for obtaining the information, I believe that the information is true, accurate, and complete. I am aware that there are significant penalties for submitting false information, including the possibility of a fine and imprisonment for knowing violations.

Operator's Signature: James M Silva (Jun 5, 2024 09:47 PDT) Date: 4/30/23

Hauler's Signature: James M Silva (Jun 5, 2024 09:47 PDT) Date: 4/30/23

ATTACHMENT D

Manure/Process Wastewater Tracking Manifest
For
Existing Milk Cow Dairies

Instructions:

1) Complete one manifest for each hauling event, for each destination. A hauling event may last for several days, as long as the manure is being hauled to the same destination.
2) If there are multiple destinations, **complete a separate form for each destination**.
3) The operator must obtain the signature of the hauler upon completion of each manure-hauling event.
4) The operator shall submit copies of manure/process wastewater tracking manifest(s) with the Annual Monitoring Report for Existing Milk Cow Dairies.

Operator Information:

Name of Operator: James Silva

Name of Dairy Facility: Silva Brothers Dairy #1

Facility Address: 12997 E. Peltier Road, Acampo, CA 95220
Number and Street City Zip Code

Contact Person Name and Phone Number: James Silva 209-321-1318
Name Phone Number

Manure/Process Wastewater Hauler Information:

Name of Hauling Company/Person: Silva Brothers Dairy

Address of Hauling Company /Person: 12997 E. Peltier Road, Acampo, CA 95220
Number and Street City Zip Code

Contact Person: James Silva 209-321-1318
Name Phone Number

Destination Information:

Composting Facility / Broker / Farmer / Other (identify) _____ (please circle one)

Contact information of Composting Facility, Broker, Farmer, or Other (as identified above):

Rodney Schatz 16100 Alpine Road, Lodi, CA 95240 209-369-3321
Name Number and Street City Zip Code Phone Number

Manure/Process Wastewater Destination Address or Assessor's Parcel Number:

16200 Alpine Road, Lodi, CA 95242 051-007-020
Number and Street City Zip Code Assessor's Parcel Number

Dates Hauled: 5/02/23

Amount Hauled:

Enter the amount of manure hauled in tons or cubic yards (indicate the units used), the manure solids content (if amount reported in tons) or manure density (if amount reported in cubic yards), and the method used to calculate the amount:

Manure: 840 Tons or Cubic Yards (indicate which units used)
Manure Solids Content (if amount reported in tons): 77% Moisture
Manure Density (if amount reported in cubic yards): _____

Method used to determine amount of manure: _____

84 Loads at 10 ton per load

Enter the amount of process wastewater hauled in gallons and the method used to determine the amount.

Process Wastewater: _____ Gallons

Method used to determine volume of process wastewater: _____

_____

Written Agreement:
Does the Operator have a written agreement (in compliance with Land Application Specification C.2 of Waste Discharge Requirements General Order No. R5-2007-0035) with any party that receives process wastewater from the Operator for its own use? (please check one)

____ Yes _____ No

If the answer is no, the Operator agrees to have such a written agreement with any such party for any process wastewater transferred after **31 December 2007** to such party.
_____ (Operator shall provide initials here to acknowledge this requirement).

Certification:
I declare under the penalty of law that I personally examined and am familiar with the information submitted in this document, and that based on my inquiry of those individuals immediately responsible for obtaining the information, I believe that the information is true, accurate, and complete. I am aware that there are significant penalties for submitting false information, including the possibility of a fine and imprisonment for knowing violations.

Operator's Signature: James M Silva (Jun 5, 2024 09:47 PDT) Date: 5/10/23

Hauler's Signature: James M Silva (Jun 5, 2024 09:47 PDT) Date: 5/10/23

ATTACHMENT D

Manure/Process Wastewater Tracking Manifest
For
Existing Milk Cow Dairies

Instructions:

1) Complete one manifest for each hauling event, for each destination. A hauling event may last for several days, as long as the manure is being hauled to the same destination.
2) If there are multiple destinations, **complete a separate form for each destination**.
3) The operator must obtain the signature of the hauler upon completion of each manure-hauling event.
4) The operator shall submit copies of manure/process wastewater tracking manifest(s) with the Annual Monitoring Report for Existing Milk Cow Dairies.

Operator Information:

Name of Operator: James Silva

Name of Dairy Facility: Silva Brothers Dairy #1

Facility Address: 12997 E. Peltier Road, Acampo, CA 95220
Number and Street City Zip Code

Contact Person Name and Phone Number: James Silva 209-321-1318
Name Phone Number

Manure/Process Wastewater Hauler Information:

Name of Hauling Company/Person: Silva Brothers Dairy

Address of Hauling Company /Person: 12997 E. Peltier Road, Acampo, CA 95220
Number and Street City Zip Code

Contact Person: James Silva 209-321-1318
Name Phone Number

Destination Information:

Composting Facility / Broker / Farmer / Other (identify) _____ (please circle one)

Contact information of Composting Facility, Broker, Farmer, or Other (as identified above):

Rodney Schatz 16100 Alpine Road, Lodi, CA 9524 209-369-3321
Name Number and Street City Zip Code Phone Number

Manure/Process Wastewater Destination Address or Assessor's Parcel Number:

22299 DeVries Road, Lodi, CA 95242 013-020-77
Number and Street City Zip Code Assessor's Parcel Number

Dates Hauled: 10/15/23

Amount Hauled:

Enter the amount of manure hauled in tons or cubic yards (indicate the units used), the manure solids content (if amount reported in tons) or manure density (if amount reported in cubic yards), and the method used to calculate the amount:

Manure: 550 Tons or Cubic Yards (indicate which units used)
Manure Solids Content (if amount reported in tons): 60.4% Moisture
Manure Density (if amount reported in cubic yards): _____

Method used to determine amount of manure: _____

55 Loads at 10 ton per load

Enter the amount of process wastewater hauled in gallons and the method used to determine the amount.

Process Wastewater: _____ Gallons

Method used to determine volume of process wastewater: _____

_____

Written Agreement:
Does the Operator have a written agreement (in compliance with Land Application Specification C.2 of Waste Discharge Requirements General Order No. R5-2007-0035) with any party that receives process wastewater from the Operator for its own use? (please check one)

____ Yes _____ No

If the answer is no, the Operator agrees to have such a written agreement with any such party for any process wastewater transferred after **31 December 2007** to such party.
_____ (Operator shall provide initials here to acknowledge this requirement).

Certification:
I declare under the penalty of law that I personally examined and am familiar with the information submitted in this document, and that based on my inquiry of those individuals immediately responsible for obtaining the information, I believe that the information is true, accurate, and complete. I am aware that there are significant penalties for submitting false information, including the possibility of a fine and imprisonment for knowing violations.

Operator's Signature: James M Silva (Jun 5, 2024 09:47 PDT) Date: 10/25/23

Hauler's Signature: James M Silva (Jun 5, 2024 09:47 PDT) Date: 10/25/23

ATTACHMENT D

Manure/Process Wastewater Tracking Manifest
For
Existing Milk Cow Dairies

Instructions:

1) Complete one manifest for each hauling event, for each destination. A hauling event may last for several days, as long as the manure is being hauled to the same destination.
2) If there are multiple destinations, **complete a separate form for each destination**.
3) The operator must obtain the signature of the hauler upon completion of each manure-hauling event.
4) The operator shall submit copies of manure/process wastewater tracking manifest(s) with the Annual Monitoring Report for Existing Milk Cow Dairies.

Operator Information:

Name of Operator: James Silva

Name of Dairy Facility: Silva Brothers Dairy #1

Facility Address: 12997 E. Peltier Road, Acampo, CA 95220
Number and Street City Zip Code

Contact Person Name and Phone Number: James Silva 209-321-1318
Name Phone Number

Manure/Process Wastewater Hauler Information:

Name of Hauling Company/Person: Silva Brothers Dairy

Address of Hauling Company /Person: 12997 E. Peltier Road, Acampo, CA 95220
Number and Street City Zip Code

Contact Person: James Silva 209-321-1318
Name Phone Number

Destination Information:

Composting Facility / Broker / Farmer / Other (identify) _____ (please circle one)

Contact information of Composting Facility, Broker, Farmer, or Other (as identified above):

Silva Brothers Dairy #2 25723 N. Elliott Road, Galt, CA 95632 209-321-1318
Name Number and Street City Zip Code Phone Number

Manure/Process Wastewater Destination Address or Assessor's Parcel Number:

25723 N. Elliott Road, Acampo, CA 95632 007-013-020, 021
Number and Street City Zip Code Assessor's Parcel Number

Dates Hauled: 10/06/23

Amount Hauled:

Enter the amount of manure hauled in tons or cubic yards (indicate the units used), the manure solids content (if amount reported in tons) or manure density (if amount reported in cubic yards), and the method used to calculate the amount:

Manure: 1200 Tons or Cubic Yards (indicate which units used)
Manure Solids Content (if amount reported in tons): 73.4% moisture
Manure Density (if amount reported in cubic yards): _____

Method used to determine amount of manure: _____

120 loads at 10 to per load

Enter the amount of process wastewater hauled in gallons and the method used to determine the amount.

Process Wastewater: _____ Gallons

Method used to determine volume of process wastewater: _____

_____

Written Agreement:
Does the Operator have a written agreement (in compliance with Land Application Specification C.2 of Waste Discharge Requirements General Order No. R5-2007-0035) with any party that receives process wastewater from the Operator for its own use? (please check one)

____ Yes _____ No

If the answer is no, the Operator agrees to have such a written agreement with any such party for any process wastewater transferred after **31 December 2007** to such party.
_____ (Operator shall provide initials here to acknowledge this requirement).

Certification:
I declare under the penalty of law that I personally examined and am familiar with the information submitted in this document, and that based on my inquiry of those individuals immediately responsible for obtaining the information, I believe that the information is true, accurate, and complete. I am aware that there are significant penalties for submitting false information, including the possibility of a fine and imprisonment for knowing violations.

Operator's Signature: James M Silva (Jun 5, 2024 09:47 PDT) Date: 10/16/23

Hauler's Signature: James M Silva (Jun 5, 2024 09:47 PDT) Date: 10/16/23

ATTACHMENT D

Manure/Process Wastewater Tracking Manifest
For
Existing Milk Cow Dairies

Instructions:

1) Complete one manifest for each hauling event, for each destination. A hauling event may last for several days, as long as the manure is being hauled to the same destination.
2) If there are multiple destinations, **complete a separate form for each destination**.
3) The operator must obtain the signature of the hauler upon completion of each manure-hauling event.
4) The operator shall submit copies of manure/process wastewater tracking manifest(s) with the Annual Monitoring Report for Existing Milk Cow Dairies.

Operator Information:

Name of Operator: James Silva

Name of Dairy Facility: Silva Brothers Dairy #1

Facility Address: 12997 E. Peltier Road, Acampo, CA 95220
Number and Street City Zip Code

Contact Person Name and Phone Number: James Silva 209-321-1318
Name Phone Number

Manure/Process Wastewater Hauler Information:

Name of Hauling Company/Person: Silva Brothers Dairy

Address of Hauling Company /Person: 12997 E. Peltier Road, Acampo, CA 95220
Number and Street City Zip Code

Contact Person: James Silva 209-321-1318
Name Phone Number

Destination Information:

Composting Facility / Broker / Farmer / Other (identify) _____ (please circle one)

Contact information of Composting Facility, Broker, Farmer, or Other (as identified above):

Name	Number and Street	City	Zip Code	Phone Number
Joe Silva	12997 Peltier Road	Acampo, CA 95220		209-607-7197

Manure/Process Wastewater Destination Address or Assessor's Parcel Number:

Number and Street	City	Zip Code	Assessor's Parcel Number
216 CA State HWY. 220 ,	Ryde, CA	95680	142-0100-031

Dates Hauled: 10/02/23

Amount Hauled:

Enter the amount of manure hauled in tons or cubic yards (indicate the units used), the manure solids content (if amount reported in tons) or manure density (if amount reported in cubic yards), and the method used to calculate the amount:

Manure: 2350 Tons or Cubic Yards (indicate which units used)
Manure Solids Content (if amount reported in tons): 60.4% Moisture
Manure Density (if amount reported in cubic yards): _____

Method used to determine amount of manure: _____

235 Loads at 10 ton per load

Enter the amount of process wastewater hauled in gallons and the method used to determine the amount.

Process Wastewater: _____ Gallons

Method used to determine volume of process wastewater: _____

_____

Written Agreement:
Does the Operator have a written agreement (in compliance with Land Application Specification C.2 of Waste Discharge Requirements General Order No. R5-2007-0035) with any party that receives process wastewater from the Operator for its own use? (please check one)

____ Yes _____ No

If the answer is no, the Operator agrees to have such a written agreement with any such party for any process wastewater transferred after **31 December 2007** to such party.
_____ (Operator shall provide initials here to acknowledge this requirement).

Certification:
I declare under the penalty of law that I personally examined and am familiar with the information submitted in this document, and that based on my inquiry of those individuals immediately responsible for obtaining the information, I believe that the information is true, accurate, and complete. I am aware that there are significant penalties for submitting false information, including the possibility of a fine and imprisonment for knowing violations.

Operator's Signature: James M Silva (Jun 5, 2024 09:47 PDT) Date: 10/12/23

Hauler's Signature: James M Silva (Jun 5, 2024 09:47 PDT) Date: 10/12/23

DELLAVALLE™
LABORATORY INC

Silva Bros #1
12997 E Peltier Rd
Acampo, CA 95220

Account# 00-0026228
Account Manager: Scott Sakamoto
Submitted By: Jeanette Sawyer

Received: 09/28/2023 15:15
Reported: 10/04/2023 12:23

Samples in this Report

Lab ID	Sample	Matrix	Sampled By	Crop	Date Sampled
23I1832-01	DW Milk Barn	Drinking Water			09/27/2023 8:00
23I1832-02	IW F4	Ag Water			09/27/2023 8:00
23I1832-03	IW Tony's	Ag Water			09/27/2023 8:00

Default Cooler Temperature on Receipt °C: 4.4
Containers Intact
COC/Labels Agree

Notes and Definitions

Item	Definition
H	Hold Time Exceeded
MCL	Drinking Water Maximum Contaminant Level
ND	Analyte NOT DETECTED at or above the reporting limit.
NES	Not Enough Sample
*	Not Taken
RPD	Relative Percent Difference
%REC	Percent Recovery
Source	Sample that was matrix spiked or duplicated.

Scott McFriedland

Laboratory Director/Technical Manager

ELAP Certification #1595
A2LA Certification #6440.02

The results in this report apply to the samples as received and were analyzed in accordance with the chain of custody document. This analytical report must be reproduced in its entirety. All results listed in this report are for the exclusive use of the submitting party. Dellavalle Laboratory, Inc. assumes no responsibility for report alteration, separation, detachment or third party interpretation.

DELLAVALLE™
LABORATORY INC

Silva Bros #1
12997 E Peltier Rd
Acampo, CA 95220

Account# 00-0026228
Account Manager: Scott Sakamoto
Submitted By: Jeanette Sawyer

Received: 09/28/2023 15:15
Reported: 10/04/2023 12:23

Sample Results

Sample: DW Milk Barn
23I1832-01 (Water)

Sampled: 9/27/2023 8:00
Sampled By:

Analyte	Result	Units	Reporting Limit	DIL	DW MCL	Date/Time Analyzed	Method	Notes	Batch
Electrical Conductivity	**0.26**	mmhos/cm	0.01	1		09/29/23 11:09	SM 2510 B		BEI1077
Electrical Conductivity umhos	**256**	umhos/cm	10.0	1		09/29/23 11:09	SM 2510 B		BEI1077
Ammonia (as N)	*	mg/L	0.00	1		09/27/23 08:00	Field		BEJ0130
Nitrate Nitrogen as NO3N	**1.6**	mg/L	0.1	1	10	09/29/23 21:43	EPA 300.0		BEI1029
Temperature	**25.0**	units	0.0	1		09/29/23 11:09	SM 4500-H+	H	BEI1077
pH	**7.6**	units	1.0	1		09/29/23 11:09	SM 4500-H+	H	BEI1077
Kjeldahl Nitrogen (TKN), Total	ND	mg/L	1.00	1		10/03/23 10:56	SM 4500-NH3 C		BEJ0001
Total Nitrogen	**2.09**	mg/L	1.00	1		10/03/23 10:56	SM 4500-NH3 C		BEJ0001

The results in this report apply to the samples as received and were analyzed in accordance with the chain of custody document. This analytical report must be reproduced in its entirety. All results listed in this report are for the exclusive use of the submitting party. Dellavalle Laboratory, Inc. assumes no responsibility for report alteration, separation, detachment or third party interpretation.

DELLAVALLE™
LABORATORY INC

Silva Bros #1
12997 E Peltier Rd
Acampo, CA 95220

Account# 00-0026228
Account Manager: Scott Sakamoto
Submitted By: Jeanette Sawyer

Received: 09/28/2023 15:15
Reported: 10/04/2023 12:23

Sample Results
(Continued)

Sample: IW F4
23I1832-02 (Water)

Sampled: 9/27/2023 8:00
Sampled By:

Analyte	Result	Units	Reporting Limit	DIL	DW MCL	Date/Time Analyzed	Method	Notes	Batch
Electrical Conductivity	**0.34**	mmhos/cm	0.01	1		09/29/23 12:58	SM 2510 B		BEI1078
Electrical Conductivity umhos	**337**	umhos/cm	10.0	1		09/29/23 12:58	SM 2510 B		BEI1078
Nitrate Nitrogen as NO3N	**3.6**	mg/L	0.1	1	10	09/29/23 22:04	EPA 300.0		BEI1029
Temperature	**25.0**	units	0.0	1		09/29/23 12:58	SM 4500-H+	H	BEI1078
pH	**7.3**	units	1.0	1		09/29/23 12:58	SM 4500-H+	H	BEI1078
Total Filterable Solids (TDS)	**233**	mg/L	10.0	1		10/02/23 14:50	SM 2540 C		BEI1072
Kjeldahl Nitrogen (TKN), Total	ND	mg/L	1.00	1		10/03/23 11:05	SM 4500-NH3 C		BEJ0001
Total Nitrogen	**3.82**	mg/L	1.00	1		10/03/23 11:05	SM 4500-NH3 C		BEJ0001

The results in this report apply to the samples as received and were analyzed in accordance with the chain of custody document. This analytical report must be reproduced in its entirety. All results listed in this report are for the exclusive use of the submitting party. Dellavalle Laboratory, Inc. assumes no responsibility for report alteration, separation, detachment or third party interpretation.

DELLAVALLE™
LABORATORY INC

Silva Bros #1
12997 E Peltier Rd
Acampo, CA 95220

Account# 00-0026228
Account Manager: Scott Sakamoto
Submitted By: Jeanette Sawyer

Received: 09/28/2023 15:15
Reported: 10/04/2023 12:23

Sample Results
(Continued)

Sample: IW Tony's
23I1832-03 (Water)

Sampled: 9/27/2023 8:00
Sampled By:

Analyte	Result	Units	Reporting Limit	DIL	DW MCL	Date/Time Analyzed	Method	Notes	Batch
Electrical Conductivity	**0.28**	mmhos/cm	0.01	1		09/29/23 13:00	SM 2510 B		BEI1078
Electrical Conductivity umhos	**276**	umhos/cm	10.0	1		09/29/23 13:00	SM 2510 B		BEI1078
Nitrate Nitrogen as NO3N	**0.6**	mg/L	0.1	1	10	09/29/23 22:25	EPA 300.0		BEI1029
Temperature	**25.0**	units	0.0	1		09/29/23 13:00	SM 4500-H+	H	BEI1078
pH	**7.5**	units	1.0	1		09/29/23 13:00	SM 4500-H+	H	BEI1078
Total Filterable Solids (TDS)	**203**	mg/L	10.0	1		10/02/23 14:50	SM 2540 C		BEI1072
Kjeldahl Nitrogen (TKN), Total	ND	mg/L	1.00	1		10/03/23 11:07	SM 4500-NH3 C		BEJ0001
Total Nitrogen	**1.01**	mg/L	1.00	1		10/03/23 11:07	SM 4500-NH3 C		BEJ0001

The results in this report apply to the samples as received and were analyzed in accordance with the chain of custody document. This analytical report must be reproduced in its entirety. All results listed in this report are for the exclusive use of the submitting party. Dellavalle Laboratory, Inc. assumes no responsibility for report alteration, separation, detachment or third party interpretation.

WATER WORK REQUEST

240228

Purchase Order No

Bill To: ~~Acct #~~ 0 Cons # 13

Results Need By

Name: Silva Bros #1

Address: 12997 E Peltier Rd

City: Acampo State: CA Zip: 95220

Telephone: Fax:

Cell/Email: 209 321-1318

COPY TO: F&A Ag Services
& JSawyer@Fragservices.com

REQUESTED BY: Jeanette Sawyer

PROJECT:

CROP:

DELLAVALLE LABORATORY, INC.

1910 W. McKinley Avenue, Suite 110 • Fresno, CA 93728
www.dellavallelab.com 559 233-6129 · 800 228-9896 · Fax 559 268-8174

No. Samples: 3 No of Bottles: 6

Water Type: [ ] Drinking Water [ ] Wastewater
[ ] Ag Water [ ] Groundwater [ ] Monitoring Well

Other:

Analysis and Bottles Required: (*Please indicate Analysis*)

DWW1 +rv
DCW1 +rv

[ ] Co. Health Dept
[ ] RWQCB [ ] Copy of Chain
[ ] State Forms [ ] QA/QC Documents

Sampled By:

	Description of Samples	Date Sampled	Time Sampled	Rec'd Temp °C	Field EC
1	DW Milk Barn	9/27/23	Start 8 AM	4.4	
2	IW F4	↓		8.4	
3	↓ Tony's			5.3	
4					
10					

IR Thermometer SN: 192603727
Correction Factor: 0°C
Calibration Due: 12/22/2023
Location: Laboratory

09/28/23 15:15 23I1832

(6)

CHAIN OF CUSTODY

Carrier	Signature	Company	Received (Date/Time)	Relinquished (Date/Time)
First	Jeanette Sawyer	F&R Ag Services		
Second	JLF	DLV	9-28-23 10:15	9-28-23 2:35
Third				
Fourth	JVZ	DLZ	9/28/23 15:15	

I guarantee that as the client, or on behalf of client named, I have the authority to contract the above requested services. Should it be found that I do not have such authority, I agree to be personally liable for all costs and, if there should be action against me for this breach, reasonable attorneys' fees. It is understood that payment is expected to be cash with samples unless terms have been previously arranged. Terms are net 30 days; overdue accounts will be charged a liquidated damage fee of 2% per month (annually 24%) or $5.00 per month whichever is greater.

If payment is not made when due and a legitimate dispute exists concerning the product or services of Dellavalle Laboratory, Inc., it will be submitted to mediation under the Rules and Procedures of Creative Alternative to Litigation, Inc. (*cal*). If the dispute is not resolved in mediation, then the dispute will be submitted to binding arbitration through *cal* under its Rules and Procedures. The parties will equally bear the costs of mediation/arbitration. If, however, the mediator declares that no legitimate dispute exists, then debtor will pay all mediation and arbitration costs, and in the event of arbitration, reasonable attorneys' fees of Dellavalle Laboratory.

Invoicing Information:

Sampling hrs
Miles
Consulting

Shipping

$ In
$ Out

Amt Paid	Rec By	Check #	Date

Signature

Sample received in cooler with ice (coolant)
[ ] Yes [ ] No

2023 Annual Report Silva Brothers Dairy #1

Final Audit Report 2024-06-05

Created:	2024-06-05
By:	Vince Furtado (vfurtado@fragservices.com)
Status:	Signed
Transaction ID:	CBJCHBCAABAADgsZRDWH5fEi5_wMymqOKTlSLBHhHdwf

"2023 Annual Report Silva Brothers Dairy #1" History

Document created by Vince Furtado (vfurtado@fragservices.com)
2024-06-05 - 3:39:28 PM GMT

Document emailed to jsilvafarms@gmail.com for signature
2024-06-05 - 3:43:22 PM GMT

Email viewed by jsilvafarms@gmail.com
2024-06-05 - 4:45:22 PM GMT

Signer jsilvafarms@gmail.com entered name at signing as James M Silva
2024-06-05 - 4:47:08 PM GMT

Document e-signed by James M Silva (jsilvafarms@gmail.com)
Signature Date: 2024-06-05 - 4:47:10 PM GMT - Time Source: server

Agreement completed.
2024-06-05 - 4:47:10 PM GMT