Annual Report - General Order No. R5-2007-0035
Reporting period 01/01/2023 to 12/31/2023.

DAIRY FACILITY INFORMATION

A. NAME OF DAIRY OR BUSINESS OPERATING THE DAIRY: Van Groningen & Sons, Inc.

Physical address of dairy:

Number and Street	City	County	Zip Code
13293 Louise AVE	Manteca	San Joaquin	95336

Street and nearest cross street (if no address):

Date facility was originally placed in operation: 01/15/1955

Regional Water Quality Control Board Basin Plan designation: San Joaquin River Basin

County Assessor Parcel Number(s) for dairy facility:

X208-X060-XX11-XXXX

B. OPERATORS

Van Groningen, Jason

Operator name: Van Groningen, Jason

Telephone no.: (209) 982-5248 Landline, (209) 968-8520 Cellular

Mailing Address Number and Street	City	State	Zip Code
15100 S Jack Tone RD	Manteca	CA	95336

This operator is responsible for paying permit fees.

C. OWNERS

Van Groningen, Jason

Legal owner name: Van Groningen, Jason

Telephone no.: (209) 982-5248 Landline, (209) 968-8520 Cellular

Mailing Address Number and Street	City	State	Zip Code
15100 S Jack Tone RD	Manteca	CA	95336

This owner is responsible for paying permit fees.

Annual Report - General Order No. R5-2007-0035
Reporting period 01/01/2023 to 12/31/2023.

AVAILABLE NUTRIENTS

A. HERD INFORMATION

	Milk Cows	Dry Cows	Bred Heifers (15-24 mo.)	Heifers (7-14 mo. to breeding)	Calves (4-6 mo.)	Calves (0-3 mo.)
Number open confinement	0	20	50	600	0	0
Number under roof	0	0	0	0	0	0
Maximum number	0	20	50	600	0	0
Average number	0	20	50	600	0	0
Avg live weight (lbs)	0	1,300	1,000	750		

Predominant milk cow breed: Jersey-Holstein Cross

Average milk production: 1 *pounds per cow per day*

B. MANURE GENERATED

Total manure excreted by the herd: 6,582.23 *tons per reporting period*

Total nitrogen from manure: 65,335.00 *lbs per reporting period*

After ammonia losses (30% loss applied): 45,734.50 *lbs per reporting period*

Total phosphorus from manure: 10,920.80 *lbs per reporting period*

Total potassium from manure: 1.00 *lbs per reporting period*

Total salt from manure: 4,599.00 *lbs per reporting period*

C. PROCESS WASTEWATER GENERATED

Process wastewater generated: 1,920,000 *gallons*

Total nitrogen generated: 3,174.89 *lbs*

Total phosphorus generated: 696.17 *lbs*

Total potassium generated: 13,614.03 *lbs*

Total salt generated: 60,354.38 *lbs*

	1,920,000	*gallons applied*
+	0	*gallons exported*
-	0	*gallons imported*
=	1,920,000	*gallons generated*

D. FRESH WATER SOURCES

Source Description	Type
Dom. Well	Ground water
SSJID Canal	Surface water

E. SUBSURFACE (TILE) DRAINAGE SOURCES

No subsurface (tile) drainage sources entered.

F. NUTRIENT IMPORTS

No dry manure nutrient imports entered.

No process wastewater nutrient imports entered.

No commercial or other nutrient imports entered.

G. NUTRIENT EXPORTS

Date	Material type	Quantity	Reporting basis	Moisture (%)	Density (lbs/cu ft)	N (mg/kg)	P (mg/kg)	K (mg/kg)	Salt (mg/kg)	TFS (%)
06/30/2023	Corral solids	960.00 *ton*	Dry-weight	29.2		6,340.00	2,500.00	21,000.00		0.00

No liquid nutrient exports entered.

Material type	Total N (lbs)	Total P (lbs)	Total K (lbs)	Total salt (lbs)
Dry manure	8,618.34	3,398.40	28,546.56	0.00
Process wastewater	0.00	0.00	0.00	0.00
Total exports for all materials	8,618.34	3,398.40	28,546.56	0.00

APPLICATION AREA

A. LIST OF LAND APPLICATION AREAS

Field name	Controlled acres	Cropable acres	Total harvests	Type of waste applied	Parcel number
BACK FORTY	40	40	1	both	X208-X060-XX11-XXXX
FRONT FIELDS	14	14	1	process wastewater	X208-X060-XX11-XXXX
Totals for areas that were used for application	54	54	2		
Totals for areas that were not used for application					
Land application area totals	54	54	2		

B. CROPS AND HARVESTS

BACK FORTY

Field name: BACK FORTY

10/30/2022: Ryegrass, silage

Crop: Ryegrass, silage Acres planted: 40 Plant date: 10/30/2022

Harvest date	Yield	Reporting basis	Density (lbs/cu ft)	Moisture (%)	N (mg/kg)	P (mg/kg)	K (mg/kg)	Salt (mg/kg)	TFS (%)
05/15/2023	600.00 *ton*	Dry-weight		68.8	11,500.00	2,980.00	20,200.00		12.00

	Yield (tons/acre)	Total N (lbs/acre)	Total P (lbs/acre)	Total K (lbs/acre)	Salt (lbs/acre)
Anticipated harvest content	15.00	108.00	27.00	189.00	0.00
Total actual harvest content	15.00	107.64	27.89	189.07	1,123.20

FRONT FIELDS

Field name: FRONT FIELDS

FRONT FIELDS

10/15/2017: Pasture

Crop: Pasture Acres planted: 14 Plant date: 10/15/2017

Harvest date	Yield	Reporting basis	Density (lbs/cu ft)	Moisture (%)	N (mg/kg)	P (mg/kg)	K (mg/kg)	Salt (mg/kg)	TFS (%)
05/09/2023	168.00 *ton*	Dry-weight		71.8	21,100.00	3,200.00	40,500.00		11.60

	Yield (tons/acre)	Total N (lbs/acre)	Total P (lbs/acre)	Total K (lbs/acre)	Salt (lbs/acre)
Anticipated harvest content	10.00	119.00	18.00	228.00	0.00
Total actual harvest content	12.00	142.80	21.66	274.10	785.09

NUTRIENT BUDGET

A. LAND APPLICATIONS

BACK FORTY - 10/30/2022: Ryegrass, silage

Field name: BACK FORTY

Crop: Ryegrass, silage — Plant date: 10/30/2022

Application date	Application method	Precipitation 24 hours prior	Precipitation during application	Precipitation 24 hours following
10/28/2022	Broadcast/incorporate	No precipitation	No precipitation	No precipitation

Source description	Material type	N (lbs/acre)	P (lbs/acre)	K (lbs/acre)	Salt (lbs/acre)	Amount
Manure Application	Scraped material	111.32	35.24	146.28	6,449.20	400.00 *ton*
Application event totals		111.32	35.24	146.28	6,449.20	

Application date	Application method	Precipitation 24 hours prior	Precipitation during application	Precipitation 24 hours following
01/23/2023	Pipeline	No precipitation	No precipitation	No precipitation

Source description	Material type	N (lbs/acre)	P (lbs/acre)	K (lbs/acre)	Salt (lbs/acre)	Amount
Lagoon Application	Process wastewater	21.56	4.79	71.85	369.77	420,000.00 *gal*
Application event totals		21.56	4.79	71.85	369.77	

FRONT FIELDS - 10/15/2017: Pasture

Field name: FRONT FIELDS

Crop: Pasture — Plant date: 10/15/2017

Application date	Application method	Precipitation 24 hours prior	Precipitation during application	Precipitation 24 hours following
02/13/2023	Pipeline	No precipitation	No precipitation	No precipitation

Source description	Material type	N (lbs/acre)	P (lbs/acre)	K (lbs/acre)	Salt (lbs/acre)	Amount
Lagoon Application	Process wastewater	43.99	9.78	146.63	754.63	300,000.00 *gal*
Application event totals		43.99	9.78	146.63	754.63	

Application date	Application method	Precipitation 24 hours prior	Precipitation during application	Precipitation 24 hours following
03/11/2023	Pipeline	Steady rain	No precipitation	No precipitation

Source description	Material type	N (lbs/acre)	P (lbs/acre)	K (lbs/acre)	Salt (lbs/acre)	Amount
Lagoon Application	Process wastewater	43.99	9.78	146.63	754.63	300,000.00 *gal*
Application event totals		43.99	9.78	146.63	754.63	

FRONT FIELDS - 10/15/2017: Pasture

Application date	Application method	Precipitation 24 hours prior	Precipitation during application	Precipitation 24 hours following
05/10/2023	Surface (irrigation)	No precipitation	No precipitation	No precipitation

Source description	Material type	N (lbs/acre)	P (lbs/acre)	K (lbs/acre)	Salt (lbs/acre)	Amount
Lagoon Application	Process wastewater	33.08	7.67	101.93	457.78	300,000.00 *gal*
SSJID Canal	Surface water	0.00	0.00	0.00	0.00	1,890,000.00 *gal*
Application event totals		33.08	7.67	101.93	457.78	

05/31/2023	Surface (irrigation)	No precipitation	No precipitation	No precipitation

Source description	Material type	N (lbs/acre)	P (lbs/acre)	K (lbs/acre)	Salt (lbs/acre)	Amount
SSJID Canal	Surface water	0.00	0.00	0.00	0.00	1,890,000.00 *gal*
Application event totals		0.00	0.00	0.00	0.00	

06/21/2023	Surface (irrigation)	No precipitation	No precipitation	No precipitation

Source description	Material type	N (lbs/acre)	P (lbs/acre)	K (lbs/acre)	Salt (lbs/acre)	Amount
SSJID Canal	Surface water	0.00	0.00	0.00	0.00	1,440,000.00 *gal*
Application event totals		0.00	0.00	0.00	0.00	

07/12/2023	Surface (irrigation)	No precipitation	No precipitation	No precipitation

Source description	Material type	N (lbs/acre)	P (lbs/acre)	K (lbs/acre)	Salt (lbs/acre)	Amount
Lagoon Application	Process wastewater	22.06	4.40	185.97	643.76	300,000.00 *gal*
SSJID Canal	Surface water	0.00	0.00	0.00	0.00	1,260,000.00 *gal*
Application event totals		22.06	4.40	185.97	643.76	

08/02/2023	Surface (irrigation)	No precipitation	No precipitation	No precipitation

Source description	Material type	N (lbs/acre)	P (lbs/acre)	K (lbs/acre)	Salt (lbs/acre)	Amount
SSJID Canal	Surface water	0.00	0.00	0.00	0.00	1,440,000.00 *gal*
Application event totals		0.00	0.00	0.00	0.00	

08/23/2023	Surface (irrigation)	No precipitation	No precipitation	No precipitation

Source description	Material type	N (lbs/acre)	P (lbs/acre)	K (lbs/acre)	Salt (lbs/acre)	Amount
SSJID Canal	Surface water	0.00	0.00	0.00	0.00	1,440,000.00 *gal*
Application event totals		0.00	0.00	0.00	0.00	

FRONT FIELDS - 10/15/2017: Pasture

Application date	Application method	Precipitation 24 hours prior	Precipitation during application	Precipitation 24 hours following
09/13/2023	Surface (irrigation)	No precipitation	No precipitation	No precipitation

Source description	Material type	N (lbs/acre)	P (lbs/acre)	K (lbs/acre)	Salt (lbs/acre)	Amount
Lagoon Application	Process wastewater	22.06	4.40	185.97	643.76	300,000.00 *gal*
SSJID Canal	Surface water	0.00	0.00	0.00	0.00	1,260,000.00 *gal*
Application event totals		22.06	4.40	185.97	643.76	

B. NUTRIENT BUDGET

BACK FORTY - 10/30/2022: Ryegrass, silage

Field name: BACK FORTY Crop: Ryegrass, silage Plant date: 10/30/2022

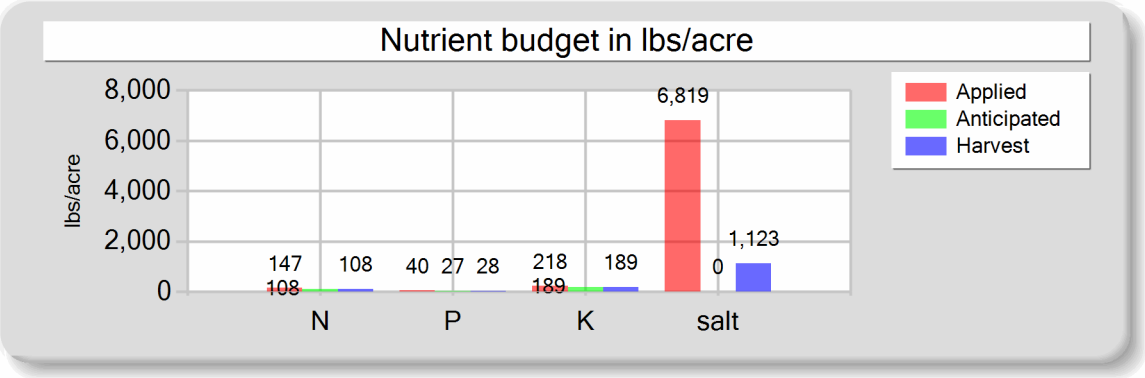

	Total N (lbs/acre)	Total P (lbs/acre)	Total K (lbs/acre)	Total salt (lbs/acre)
Existing soil nutrient content	0.00	0.00	0.00	0.00
Plowdown credit	0.00	0.00	0.00	0.00
Commercial fertilizer / Other	0.00	0.00	0.00	0.00
Dry manure	111.32	35.24	146.28	6,449.20
Process wastewater	21.56	4.79	71.85	369.77
Fresh water	0.00	0.00	0.00	0.00
Atmospheric deposition	14.00	0.00	0.00	0.00
Total nutrients applied	146.88	40.03	218.13	6,818.97
Anticipated crop nutrient removal	108.00	27.00	189.00	0.00
Actual crop nutrient removal	107.64	27.89	189.07	1,123.20
Nutrient balance	39.24	12.14	29.06	5,695.77
Applied to removed ratio	1.36	1.44	1.15	6.07

Fresh water applied	
0.00	*gallons*
0.00	*acre-inches*
0.00	*inches/acre*

Process wastewater applied	
420,000.00	*gallons*
15.47	*acre-inches*
0.39	*inches/acre*

Total harvests for the crop	
1	*harvests*

FRONT FIELDS - 10/15/2017: Pasture

Field name: FRONT FIELDS Crop: Pasture Plant date: 10/15/2017

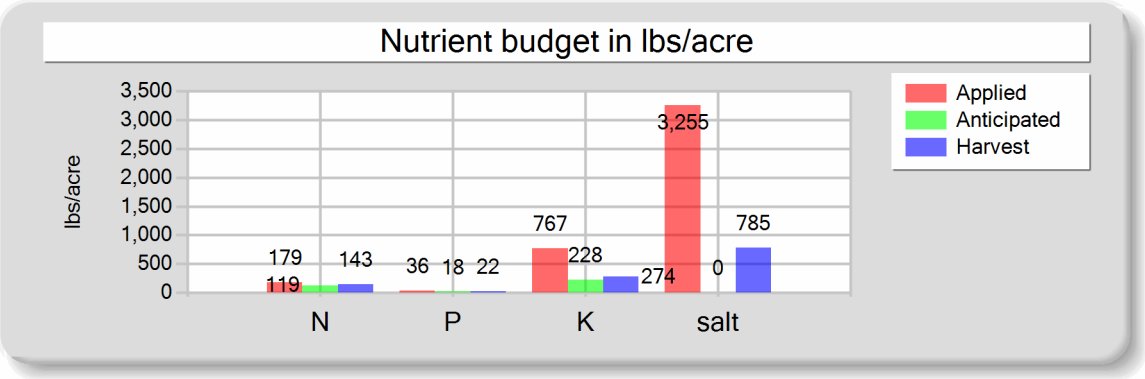

	Total N (lbs/acre)	Total P (lbs/acre)	Total K (lbs/acre)	Total salt (lbs/acre)
Existing soil nutrient content	0.00	0.00	0.00	0.00
Plowdown credit	0.00	0.00	0.00	0.00
Commercial fertilizer / Other	0.00	0.00	0.00	0.00
Dry manure	0.00	0.00	0.00	0.00
Process wastewater	165.19	36.03	767.14	3,254.55
Fresh water	0.00	0.00	0.00	0.00
Atmospheric deposition	14.00	0.00	0.00	0.00
Total nutrients applied	179.19	36.03	767.14	3,254.55
Anticipated crop nutrient removal	119.00	18.00	228.00	0.00
Actual crop nutrient removal	142.80	21.66	274.10	785.09
Nutrient balance	36.39	14.37	493.04	2,469.46
Applied to removed ratio	1.25	1.66	2.80	4.15

Fresh water applied	
10,620,000.00	*gallons*
391.10	*acre-inches*
27.94	*inches/acre*

Process wastewater applied	
1,500,000.00	*gallons*
55.24	*acre-inches*
3.95	*inches/acre*

Total harvests for the crop	
1	*harvests*

NUTRIENT ANALYSES

A. MANURE ANALYSES

T2350017A

Sample and source description: T2350017A

Sample date: 12/16/2022 Material type: Scraped material Source of analysis: Lab analysis Method of reporting: Dry-weight

Moisture: 54.0 %

	Total N (mg/kg)	Total P (mg/kg)	Total K (mg/kg)	Calcium (mg/kg)	Magnesium (mg/kg)	Sodium (mg/kg)	Sulfur (mg/kg)	Chloride (mg/kg)	Total salt (mg/kg)	TFS (%)
Value	12,100.00	3,830.00	15,900.00	17,100.00	2,730.00	1,280.00	2,500.00	1,050.00		70.10
DL	1.00	1.00	1.00	1.00	1.00	1.00	1.00	1.00		1.00

T3132025B

Sample and source description: T3132025B

Sample date: 05/12/2023 Material type: Corral solids Source of analysis: Lab analysis Method of reporting: Dry-weight

Moisture: 29.2 %

	Total N (mg/kg)	Total P (mg/kg)	Total K (mg/kg)	Calcium (mg/kg)	Magnesium (mg/kg)	Sodium (mg/kg)	Sulfur (mg/kg)	Chloride (mg/kg)	Total salt (mg/kg)	TFS (%)
Value	6,340.00	2,500.00	21,000.00							0.00
DL	1.00	1.00	1.00							1.00

T3265031B

Sample and source description: T3265031B

Sample date: 09/22/2023 Material type: Scraped material Source of analysis: Lab analysis Method of reporting: Dry-weight

Moisture: 43.2 %

	Total N (mg/kg)	Total P (mg/kg)	Total K (mg/kg)	Calcium (mg/kg)	Magnesium (mg/kg)	Sodium (mg/kg)	Sulfur (mg/kg)	Chloride (mg/kg)	Total salt (mg/kg)	TFS (%)
Value	20,800.00	6,890.00	49,200.00	27,900.00	10,700.00	4,550.00	10,700.00	1,860.00		25.60
DL	1.00	1.00	1.00	1.00	1.00	1.00	1.00	1.00		1.00

B. PROCESS WASTEWATER ANALYSES

T3069022A

Sample and source description: T3069022A

Sample date: 03/10/2023 Material type: Process wastewater Source of analysis: Lab analysis pH: 0.00

	Kjeldahl-N (mg/L)	NH4-N (mg/L)	NH3-N (mg/L)	Nitrate-N (mg/L)	Total P (mg/L)	Total K (mg/L)	Calcium (mg/L)	Magnes. (mg/L)	Sodium (mg/L)	Bicarb. (mg/L)	Carb. (mg/L)	Sulfate (mg/L)	Chloride (mg/L)	EC (µmhos/cm)	TDS (mg/L)
Value	246.00	101.00	0.00	0.00	54.70	820.00								4,040.00	4,220
DL	1.00	1.00	1.00	1.00	1.00	1.00								1.00	1

T3132025A

Sample and source description: T3132025A

Sample date: 05/12/2023 Material type: Process wastewater Source of analysis: Lab analysis pH: 0.00

	Kjeldahl-N (mg/L)	NH4-N (mg/L)	NH3-N (mg/L)	Nitrate-N (mg/L)	Total P (mg/L)	Total K (mg/L)	Calcium (mg/L)	Magnes. (mg/L)	Sodium (mg/L)	Bicarb. (mg/L)	Carb. (mg/L)	Sulfate (mg/L)	Chloride (mg/L)	EC (µmhos/cm)	TDS (mg/L)
Value	185.00	72.80	0.00	0.00	42.90	570.00								3,370.00	2,560
DL	1.00	1.00	1.00	1.00	1.00	1.00								100.00	1

T3265031A

Sample and source description: T3265031A

Sample date: 09/22/2023 Material type: Process wastewater Source of analysis: Lab analysis pH: 8.60

	Kjeldahl-N (mg/L)	NH4-N (mg/L)	NH3-N (mg/L)	Nitrate-N (mg/L)	Total P (mg/L)	Total K (mg/L)	Calcium (mg/L)	Magnes. (mg/L)	Sodium (mg/L)	Bicarb. (mg/L)	Carb. (mg/L)	Sulfate (mg/L)	Chloride (mg/L)	EC (µmhos/cm)	TDS (mg/L)
Value	120.00	19.60	0.00	3.39	24.60	1,040.00	119.00	112.00	134.00	1,820.00	20.00	124.00	390.00	4,850.00	3,600
DL	1.00	1.00	1.00	1.00	1.00	1.00	1.00	1.00	1.00	1.00	1.00	1.00	1.00	100.00	1

C. FRESH WATER ANALYSES

Dom. Well

Dom. Well

T3265031C

Sample description: T3265031C

Sample date: 09/22/2023 Source of analysis: Lab analysis

	Total N (mg/L)	NH4-N (mg/L)	Nitrate-N (mg/L)	Calcium (mg/L)	Magnesium (mg/L)	Sodium (mg/L)	Bicarbonate (mg/L)	Carbonate (mg/L)	Sulfate (mg/L)	Chloride (mg/L)	EC (µmhos/cm)	TDS (mg/L)
Value	19.60	0.00	19.60								716.00	0
DL	1.00	0.50	1.00								100.00	1

SSJID Canal

T3265031D

Sample description: T3265031D

Sample date: 09/22/2023 Source of analysis: Lab analysis

	Total N (mg/L)	NH4-N (mg/L)	Nitrate-N (mg/L)	Calcium (mg/L)	Magnesium (mg/L)	Sodium (mg/L)	Bicarbonate (mg/L)	Carbonate (mg/L)	Sulfate (mg/L)	Chloride (mg/L)	EC (µmhos/cm)	TDS (mg/L)
Value	0.00	0.00	0.00								0.00	0
DL	0.14	0.50	0.14								100.00	1

D. SOIL ANALYSES

FRONT FIELDS

T3132025D

Sample and source description: T3132025D

Sample date: 05/12/2023 Source of analysis: Lab analysis

	Nitrate-N (mg/kg)	Total P (mg/kg)	Soluble P (mg/kg)	K (mg/kg)	EC (µmhos/cm)	Organic matter (%)	Total salt (mg/kg)
Value			112.00		0.00	0.00	
DL			1.00		1.00	1.00	

E. PLANT TISSUE ANALYSES

BACK FORTY - 10/30/2022: Ryegrass, silage

T3139085A

Sample and source description: T3139085A

Sample date: 05/19/2023 Source of analysis: Lab analysis Method of reporting: Dry-weight

Moisture: 68.8 %

	Total N (mg/kg)	Total P (mg/kg)	Total K (mg/kg)	Total salt (mg/kg)	TFS (%)
Value	11,500.00	2,980.00	20,200.00		12.00
DL	1.00	1.00	1.00		1.00

FRONT FIELDS - 10/15/2017: Pasture

T3132025C

Sample and source description: T3132025C

Sample date: 05/12/2023 Source of analysis: Lab analysis Method of reporting: Dry-weight

Moisture: 71.8 %

	Total N (mg/kg)	Total P (mg/kg)	Total K (mg/kg)	Total salt (mg/kg)	TFS (%)
Value	21,100.00	3,200.00	40,500.00		11.60
DL	1.00	1.00	1.00		1.00

F. SUBSURFACE (TILE) DRAINAGE ANALYSES

No subsurface (tile) drainage analyses entered.

NUTRIENT APPLICATIONS, POTENTIAL REMOVAL, AND BALANCE

A. SUMMARY OF NUTRIENT APPLICATIONS, POTENTIAL REMOVAL, AND BALANCE

	Total N (lbs)	Total P (lbs)	Total K (lbs)	Total salt (lbs)
Existing soil nutrient content	0.00	0.00	0.00	0.00
Plowdown credit	0.00	0.00	0.00	0.00
Commercial fertilizer / Other	0.00	0.00	0.00	0.00
Dry manure	4,452.80	1,409.44	5,851.20	257,968.00
Process wastewater	3,174.89	696.17	13,614.03	60,354.38
Fresh water	0.00	0.00	0.00	0.00
Atmospheric deposition	756.00	0.00	0.00	0.00
Total nutrients applied	8,383.69	2,105.61	19,465.23	318,322.38
Anticipated crop nutrient removal	5,986.00	1,332.00	10,752.00	0.00
Actual crop nutrient removal	6,304.87	1,418.92	11,400.34	55,919.23
Nutrient balance	2,078.82	686.69	8,064.90	262,403.15
Applied to removed ratio	1.33	1.48	1.71	5.69

B. POUNDS OF NUTRIENT APPLIED VS. CROP REMOVAL

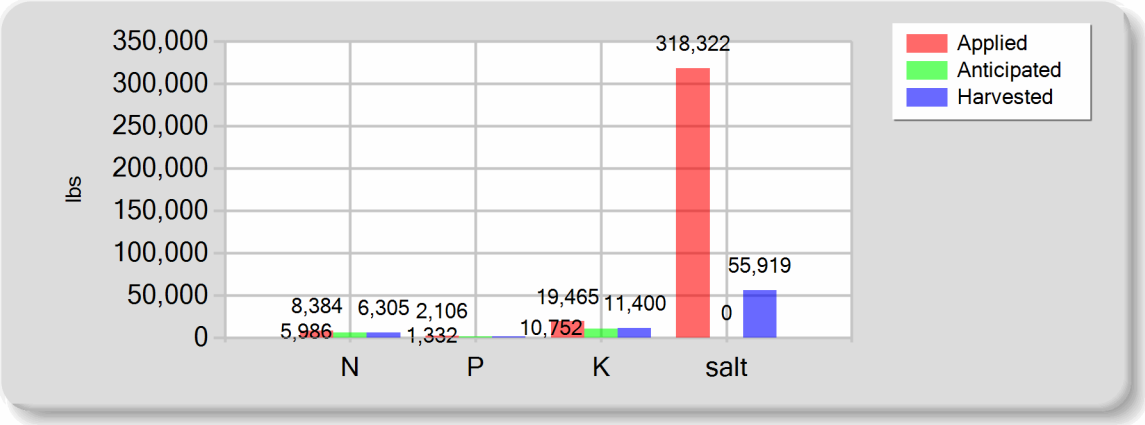

C. POUNDS OF NUTRIENT APPLIED BY MATERIAL TYPE

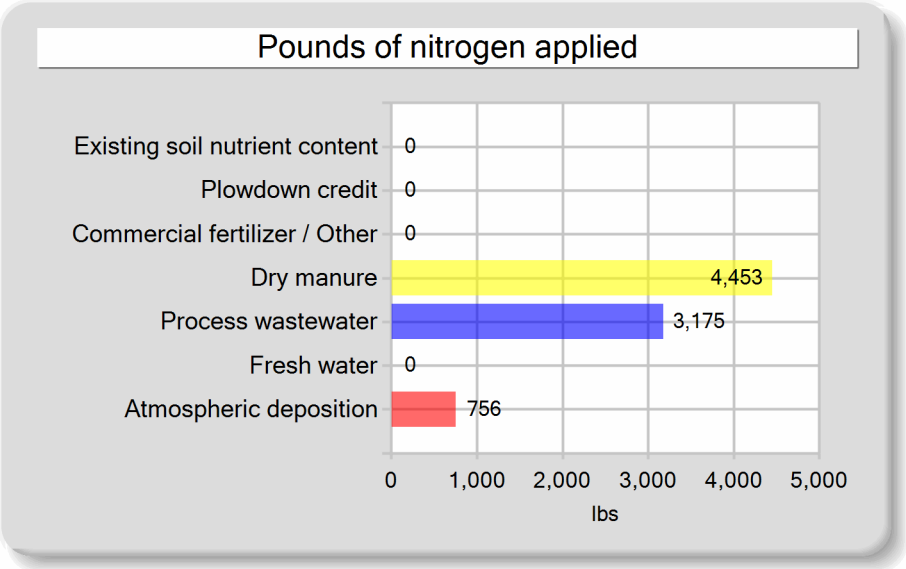

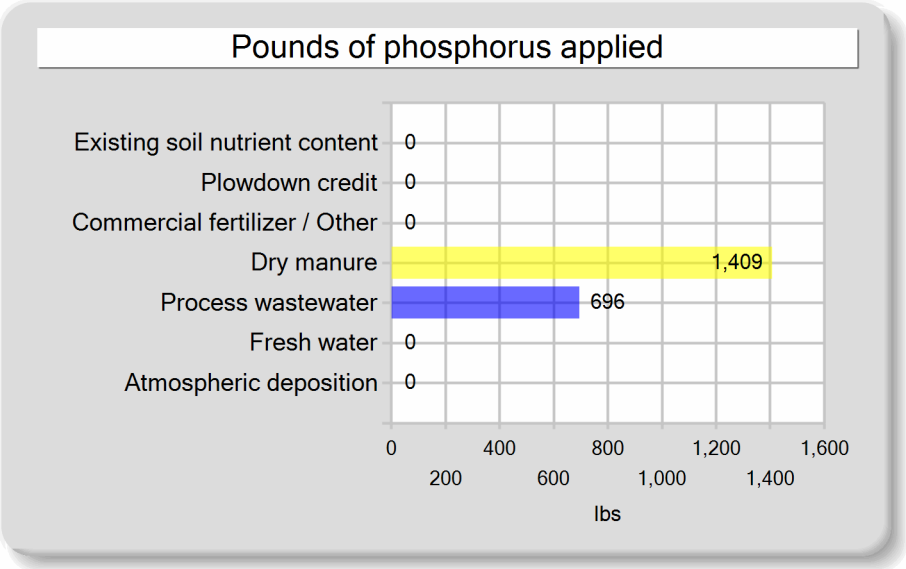

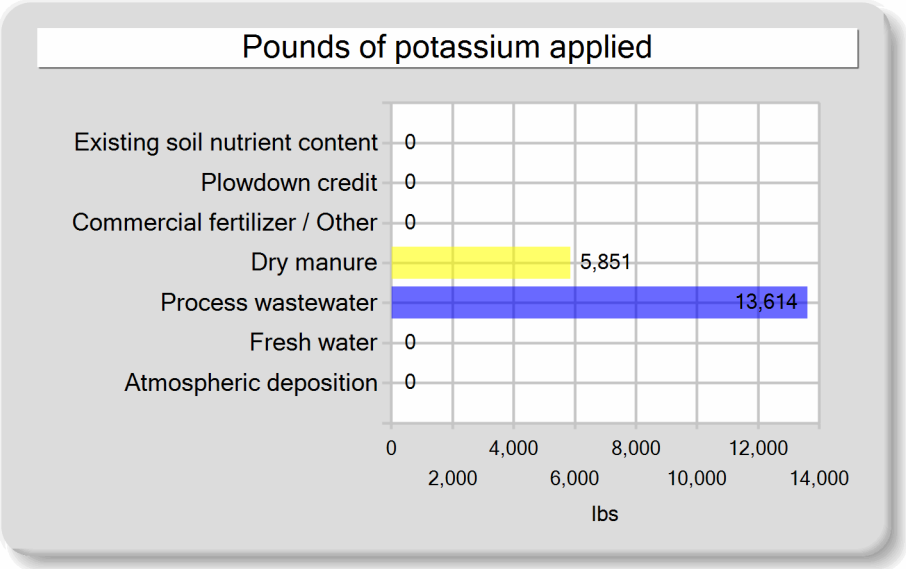

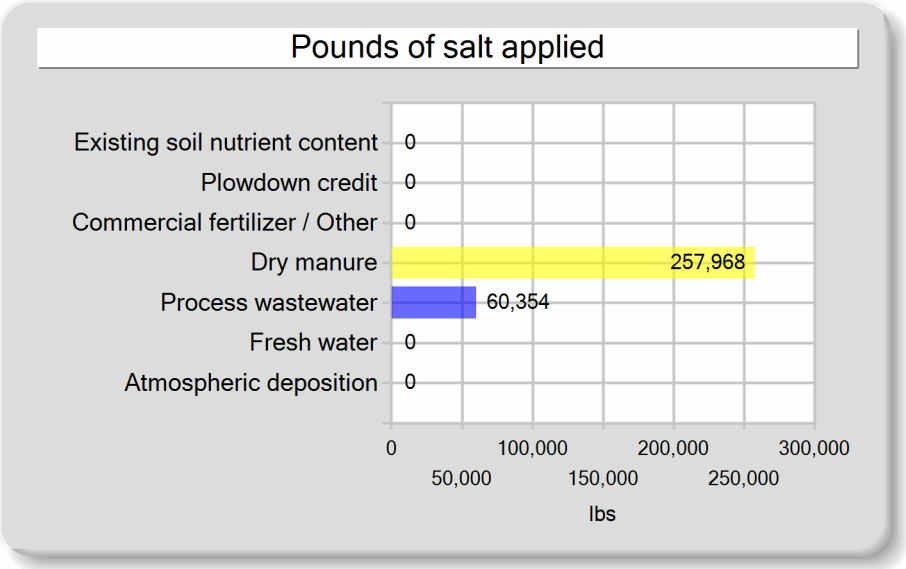

EXCEPTION REPORTING

A. MANURE, PROCESS WASTEWATER, AND OTHER DAIRY WASTE DISCHARGES

The following is a summary of all manure and process wastewater discharges from the production area to surface water or to land areas (land application areas or otherwise) when not in accordance with the facility's Nutrient Management Plan.

No manure or process wastewater discharges occurred during the reporting period.

B. STORM WATER DISCHARGES

The following is a summary of all storm water discharges from the production area to surface water during the reporting period when not in accordance with the facility 's Nutrient Management Plan.

No stormwater discharges occurred during the reporting period.

C. LAND APPLICATION AREA TO SURFACE WATER DISCHARGES

The following is a summary of all discharges from the land application area to surface water that have occurred during the reporting period when not in accordance with the facility's Nutrient Management Plan.

No land application area to surface water discharges occurred during the reporting period.

NUTRIENT MANAGEMENT PLAN AND EXPORT AGREEMENT STATEMENTS

A. NUTRIENT MANAGEMENT PLAN STATEMENTS

Was the facility's NMP updated in the reporting period?	Yes
Was the facility's NMP developed by a certified nutrient management planner (specialist) as specified in Attachment C of the General Order?	Yes
Was the facility's NMP approved by a certified nutrient management planner (specialist) as specified in Attachment C of the General Order?	Yes

B. EXPORT AGREEMENT STATEMENT

Are there any written agreements with third parties to receive manure or process wastewater that are new or were revised within the reporting period?	No

ADDITIONAL NOTES

A. NOTES

No notes entered for this annual report.

CERTIFICATION

A. OWNER AND/OR OPERATOR CERTIFICATION

I certify under penalty of law that I have personally examined and am familiar with the information submitted in this document and all attachments and that, based on my inquiry of those individuals immediately responsible for obtaining the information, I believe that the information is true, accurate, and complete. I am aware that there are significant penalties for submitting false information, including the possibility of fine and imprisonment.

Jason Van Groningen	Jason Van Groningen
SIGNATURE OF OWNER OF FACILITY	SIGNATURE OF OPERATOR OF FACILITY
Jason Van Groningen	SAME AS OWNER
PRINT OR TYPE NAME	PRINT OR TYPE NAME
6-27-24	6-27-24
DATE	DATE

ATTACHMENTS

A. REQUIRED ATTACHMENTS

The following lists the required documents that should be attached to the Annual Report when submitted .

Annual Dairy Facility Assessment
Provide an Annual Dairy Facility Assessment (an update to the Preliminary Dairy Facility Assessment in Attachment A) for each reporting period. On the PDFA Final page, click on the ADFA Report button to generate an ADFA report after updating information as needed .

Manure/Process Wastewater Tracking Manifests
Provide copies of all manure/process wastewater tracking manifests for the reporting period, signed by both the owner/operator and the hauler.

Corrective Actions Documents
Provide records documenting any corrective actions taken to correct deficiencies noted as a result of the inspections required in the Monitoring Requirements of the General Order. Deficiencies not corrected in 30 days must be accompanied by an explanation of the factors preventing immediate correction.

Groundwater Monitoring
Dischargers that monitor supply wells or subsurface (tile) drainage systems, or that have monitoring well systems must submit monitoring results as directed in the General Order, Groundwater Reporting Section starting on page MRP-13.

Storm Water Monitoring
Dischargers that are required to monitor storm water more frequently than required in the General Order must submit monitoring results as directed in the General Order, Storm Water Reporting Section on page MRP-14.

ATTACHMENT D

Manure/Process Wastewater Tracking Manifest
For
Existing Milk Cow Dairies

Instructions:

1) Complete one manifest for each hauling event, for each destination. A hauling event may last for several days, as long as the manure is being hauled to the same destination.
2) If there are multiple destinations, **complete a separate form for each destination**.
3) The operator must obtain the signature of the hauler upon completion of each manure-hauling event.
4) The operator shall submit copies of manure/process wastewater tracking manifest(s) with the Annual Monitoring Report for Existing Milk Cow Dairies.

Operator Information:

Name of Operator: ____Jason Van Groningen_____

Name of Dairy Facility: __Van Groningen & Sons, Inc._____

Facility Address: _13293 Louise Ave._____Manteca_____95336__
Number and Street City Zip Code

Contact Person Name and Phone Number: __Jason Van Groningen_____209-968-8520__
Name Phone Number

Manure/Process Wastewater Hauler Information:

Name of Hauling Company/Person: _Victor Brasil_____

Address of Hauling Company /Person: _21768 E. Lone Tree Rd._____Escalon_____95320_
Number and Street City Zip Code

Contact Person: ___Victor Brasil_____209-595-1577_____
Name Phone Number

Destination Information:

Composting Facility / Broker / Farmer / Other (identify) _____(please circle one)

Contact information of Composting Facility, Broker, Farmer, or Other (as identified above):

__Jason Van Groningen__15100 Jack Tone Rd._____Manteca____95336____209-968-8520_
Name Number and Street City Zip Code Phone Number

Manure/Process Wastewater Destination Address or Assessor's Parcel Number:

_____X203-X060-XX03-XXXX__
Number and Street City Zip Code Assessor's Parcel Number

Dates Hauled: ____June 2023_____

Amount Hauled:

Enter the amount of manure hauled in tons or cubic yards (indicate the units used), the manure solids content (if amount reported in tons) or manure density (if amount reported in cubic yards), and the method used to calculate the amount: N 0.63%
P 0.25% K 2.1%

Manure: ___960_____Tons or Cubic Yards (indicate which units used)
Manure Solids Content (if amount reported in tons): ___29.2%_____
Manure Density (if amount reported in cubic yards): _____

Method used to determine amount of manure:
_____Hauler's Estimation_____

Enter the amount of process wastewater hauled in gallons and the method used to determine the amount.

Process Wastewater: _____ Gallons

Method used to determine volume of process wastewater: _____

_____

Written Agreement:
Does the Operator have a written agreement (in compliance with Land Application Specification C.2 of Waste Discharge Requirements General Order No. R5-2007-0035) with any party that receives process wastewater from the Operator for its own use? (please check one)

_____ Yes _____ No

If the answer is no, the Operator agrees to have such a written agreement with any such party for any process wastewater transferred after **31 December 2007** to such party.
_____ (Operator shall provide initials here to acknowledge this requirement).

Certification:
I declare under the penalty of law that I personally examined and am familiar with the information submitted in this document, and that based on my inquiry of those individuals immediately responsible for obtaining the information, I believe that the information is true, accurate, and complete. I am aware that there are significant penalties for submitting false information, including the possibility of a fine and imprisonment for knowing violations

Operator's Signature: Jason Van Hunnigen Date: 11/30/23

Hauler's Signature: Victor Brasil Date: 11/30/23

DENELE ANALYTICAL, INC.
1232 SOUTH AVENUE
TURLOCK, CA 95380
PH# 209-634-9055 FAX# 209-634-9057

DAIRY COMPLIANCE

Client: VAN GRONINGEN & SONS
Mailing address: 15100 S. JACK TONE RD.
(not facility address) MANTECA, CA 95336
Phone#: (209) 982-5248

Authorized Copy Released To:
JACQUIE CAPTEIN RECORD KEEPING, INC.
(209) 327-0992
Sampled By: Grant
Project ID:

ANALYSIS TO BE COMPLETED:

IRRIGATION/GROUND WATER
- H1 EC*, NO3-N, NH3-N*
- H6 EC, TN, TDS
- H7 Combination of H1 & H6
- H14 EC, NO3-N, NH3-N, Ca, Mg, Na, Bicarb Carb, SO4, Cl, TDS

PROCESS WASTE WATER
- H3 EC*, NH4-N, TKN, TP, K, TDS
- H4 EC*, NO3-N, NH4-N, TKN, TP, K, TDS
- H5 Ca, Mg, Na, Bicarb, Carb, SO4, Cl
- H8 Combination of H3 &H5
- H9 Combination of H4 &H5

TILE DRAIN
- H2 EC*, NO3-N, TP, NH4-N*, TDS

** Required Field Measurement*

___ (Check here if performed)

DISCHARGE WATER
- E1 EC*, Temp*, pH*, NO3-N, NH3-N, TKN, TP, K, TDS, Dissolved Oxygen*, BOD 5, TSS, Total & Fecal Coliforms
- E2 EC,* Temp*, pH*, NO3-N, NH3-N*, Turbidity, TP, Dissolved Oxygen*, Total & Fecal Coliforms
- E3 EC*, Temp*, pH*, NO3-N, NH3-N*, TP, Total & Fecal Coliforms
- E4 EC*, Temp*, pH*, NO3-N, NH3-N*, Turbidity, TP, Total & Fecal Coliform

MANURE
- M1 % Moisture
- M3 TN TP, K, % Moisture
- M4 Ca, Mg, Na, Bicarb, Carb, SO4, Cl, Ash
- M7 Combination of M3 & M4

PLANT TISSUE
- F18 % Moisture, Ash, TN, P, K, DM and as received
- F18+ % Moisture, Ash, TN, P, K, DM and as received (Package also includes NIR DCAD)
- F19+ % Moisture, TN (Package includes complete plant tissue analysis)

SOIL
- K3 Soluble Phosphorus
- K4 1ft NO3, Organic Matter
- K5 Pre-Plant (2ft NO3), Fall (1-2ft NO3), Fall (2-3ft NO3)
- K6 0-1ft EC, NO3, Soluble P, K, Organic Matter
- K7 Combination of K3 & K4
- K8 Combination of K3 & K5

	Date Collected	Time Collected	Sample ID	Description	Temp	Well Purge	H1	H3	M3	F18	OTHER
1	9/20/23	9:00a	3rd Qtr Lagoon	Wastewater	16.8						H9+pH
2	✓	9:15a	Scraped Manure	Manure							M7
3	✓	9:35a	Dom. Well	Dom. Well	16.0	20 min	X				
4	✓	9:45a	SSJID Canal	Irr. Canal	16.0		X				
5											
6											
7											
8											
9											
10											

Analysis

CHAIN OF CUSTODY RECORDING

	Signature	Company	Received Date & Time	Relinquished Date & Time	(LABORATORY USE ONLY) Logged In By:	LABORATORY NUMBER
1st	Jacquie Capteiu	JCRK		9/22/23 8:00a		
2nd		DENELE ANALYTICAL, INC.	9-22-23 1:00			T3265031

Denele Analytical, Inc.

865 South Kilroy Avenue Turlock, CA 95380
Phone (209) 634-9055 - Fax (209) 634-9057

www.denelelabs.com

40 N. East Street, Woodland, CA 95776
Phone (530) 666-9056 - Fax (530) 666-9058

Compliance Analysis Report

Customer
Van Groningen & Sons
15100 S. Jack Tone
Manteca, CA 95336

Grower

Consultant:
Jacquie Captein
P.O. Box 386
Herald, CA 95638

PURCHASE ORDER:
RECEIVED DATE: 9/22/23 1:00 PM
SUBMITTED BY: Jacquie
ANALYZED DATE: 9/26/23

Irrigation/ Ground Water (H1)
SOURCE: Well Water

NOTES: Temperature was above qualifying at 16.0c

Sample ID	Lab ID	Analyte	Method Ref	Result	Units
Dom. Well	T3265031C	Electrical Conductivity (EC)	EPA 120.1 and	0.716	mmhos/cm
		Nitrate Nitrogen (NO3-N)	EPA 353.2	19.6	mg/L
		Ammonia Nitrogen (NH3-N)	SM 4500-NH3 D,C	< 0.500	mg/L
		Soluble Salts (SALT-SOL)	Calculation	458	mg/L

Laboratory Quality Control	LCS %	MS %	MSD %	RPD %
Ammonia Nitrogen (NH3-N)	94.4	93.4 (T3269010A)	95.8 (T3269010A)	2.53
Electrical Conductivity (EC)	100			0.428
Nitrate Nitrogen (NO3-N)	98.2	98.9 (T3269039A)	91.9 (T3269039A)	7.42

The warranty of Denele Analytical is limited to the accuracy of the analyses of the samples as received. Denele Analytical assumes no responsibility for which the customer uses our test results, nor liability for any other warranties, express or implied. These terms and conditions shall supercede any conflicting terms and conditions submitted on customer purchase orders or other forms submitted for work.

ELAP Certificate No.: 2714

Denele Analytical, Inc.

865 South Kilroy Avenue Turlock, CA 95380
Phone (209) 634-9055 - Fax (209) 634-9057

www.denelelabs.com

40 N. East Street, Woodland, CA 95776
Phone (530) 666-9056 - Fax (530) 666-9058

Compliance Analysis Report

Customer
Van Groningen & Sons
15100 S. Jack Tone
Manteca, CA 95336

Grower

Consultant:
Jacquie Captein
P.O. Box 386
Herald, CA 95638

PURCHASE ORDER:
RECEIVED DATE: 9/22/23 1:00 PM
SUBMITTED BY: Jacquie
ANALYZED DATE: 9/26/23

Irrigation/ Ground Water (H1)
SOURCE: Canal Water

NOTES: Temperature was above qualifying at 16.0c

Sample ID	Lab ID	Analyte	Method Ref	Result	Units
SSJID Canal	T3265031D	Electrical Conductivity (EC)	EPA 120.1 and	< 0.100	mmhos/cm
		Nitrate Nitrogen (NO3-N)	EPA 353.2	< 0.140	mg/L
		Ammonia Nitrogen (NH3-N)	SM 4500-NH3 D,C	< 0.500	mg/L
		Soluble Salts (SALT-SOL)	Calculation	41.9	mg/L

Laboratory Quality Control	LCS %	MS %	MSD %	RPD %
Ammonia Nitrogen (NH3-N)	94.4	93.4 (T3269010A)	95.8 (T3269010A)	2.53
Electrical Conductivity (EC)	100			0.428
Nitrate Nitrogen (NO3-N)	98.2	98.9 (T3269039A)	91.9 (T3269039A)	7.42

The warranty of Denele Analytical is limited to the accuracy of the analyses of the samples as received. Denele Analytical assumes no responsibility for which the customer uses our test results, nor liability for any other warranties, express or implied. These terms and conditions shall supercede any conflicting terms and conditions submitted on customer purchase orders or other forms submitted for work.

ELAP Certificate No.: 2714