Annual Report - General Order No. R5-2007-0035
Reporting period 01/01/2023 to 12/31/2023.

DAIRY FACILITY INFORMATION

A. NAME OF DAIRY OR BUSINESS OPERATING THE DAIRY: Parkview Dairy

Physical address of dairy:

Number and Street	City	County	Zip Code
13640 Collier RD	Delhi	Merced	95315

Street and nearest cross street (if no address):

Date facility was originally placed in operation: 01/01/1950

Regional Water Quality Control Board Basin Plan designation: San Joaquin River Basin

County Assessor Parcel Number(s) for dairy facility:

X046-X240-X050-XXXX

B. OPERATORS

de Jong, Jacob

Operator name: de Jong, Jacob

Telephone no.: Landline: ; Cellular: (559) 909-9571

Mailing Address Number and Street	City	State	Zip Code
13640 Collier RD	Delhi	CA	95315

This operator is responsible for paying permit fees.

C. OWNERS

TeVelde, Henry J

Legal owner name: TeVelde, Henry J

Telephone no.: Landline: (209) 394-8008; Cellular:

Mailing Address Number and Street	City	State	Zip Code
13640 Collier RD	Delhi	CA	95315

AVAILABLE NUTRIENTS

A. HERD INFORMATION

	Milk Cows	Dry Cows	Bred Heifers (15-24 mo.)	Heifers (7-14 mo. to breeding)	Calves (4-6 mo.)	Calves (0-3 mo.)
Number open confinement	0	0	1,000	400	0	0
Number under roof	1,600	250	0	0	0	0
Maximum number	1,600	250	1,000	400	0	0
Average number	1,550	230	1,000	400	0	0
Avg live weight (lbs)	1,400	1,500	1,000	775		

Predominant milk cow breed: Holstein

Average milk production: 87 *pounds per cow per day*

B. MANURE GENERATED

Total manure excreted by the herd: 60,617.09 *tons per reporting period*

Total nitrogen from manure: 735,107.18 *lbs per reporting period*

After ammonia losses (30% loss applied): 514,575.03 *lbs per reporting period*

Total phosphorus from manure: 123,464.86 *lbs per reporting period*

Total potassium from manure: 314,151.25 *lbs per reporting period*

Total salt from manure: 782,706.00 *lbs per reporting period*

C. PROCESS WASTEWATER GENERATED

Process wastewater generated: 50,244,000 *gallons*

Total nitrogen generated: 226,197.73 *lbs*

Total phosphorus generated: 23,205.84 *lbs*

Total potassium generated: 215,938.79 *lbs*

Total salt generated: 1,436,141.79 *lbs*

	50,244,000	*gallons applied*
+	0	*gallons exported*
-	0	*gallons imported*
=	50,244,000	*gallons generated*

D. FRESH WATER SOURCES

Source Description	Type
IW - Field 1	Ground water
IW Field 10	Ground water
IW Field 15	Ground water
IW Field 19	Ground water
IW Field 23	Ground water

Source Description	Type
Merced River	Surface water
TID Highline	Surface water

E. SUBSURFACE (TILE) DRAINAGE SOURCES

No subsurface (tile) drainage sources entered.

F. NUTRIENT IMPORTS

No dry manure nutrient imports entered.

No process wastewater nutrient imports entered.

Date	Material type / Description	Quantity	Reporting basis	Moisture (%)	N (%)	P (%)	K (%)	Salt (%)
04/25/2023	Solid commercial fertilizer *UN32*	12.05 *ton*	Dry-weight	0.1	32.000000	0.000000	0.000000	0.000000
05/09/2023	Solid commercial fertilizer *Triple 15*	1.24 *ton*	Dry-weight	0.1	15.000000	15.000000	15.000000	0.000000

Material type	Total N (lbs)	Total P (lbs)	Total K (lbs)	Total salt (lbs)
Commercial fertilizer / Other	8,075.92	371.63	371.63	0.00
Dry manure	0.00	0.00	0.00	0.00
Process wastewater	0.00	0.00	0.00	0.00
Total imports for all materials	8,075.92	371.63	371.63	0.00

G. NUTRIENT EXPORTS

Date	Material type	Quantity	Reporting basis	Moisture (%)	Density (lbs/cu ft)	N (mg/kg)	P (mg/kg)	K (mg/kg)	Salt (mg/kg)	TFS (%)
05/03/2023	Corral solids	1,631.90 *ton*	Dry-weight	14.0		12,000.00	6,050.00	32,000.00		70.30
08/15/2023	Corral solids	711.70 *ton*	Dry-weight	37.8		17,100.00	6,600.00	31,700.00		39.00
09/26/2023	Corral solids	220.90 *ton*	Dry-weight	37.8		17,100.00	6,600.00	31,700.00		39.00
11/08/2023	Corral solids	1,423.30 *ton*	Dry-weight	37.8		17,100.00	6,600.00	31,700.00		39.00
11/17/2023	Corral solids	490.80 *ton*	Dry-weight	37.8		17,100.00	6,600.00	31,700.00		39.00
12/21/2023	Corral solids	932.50 *ton*	Dry-weight	37.8		17,100.00	6,600.00	31,700.00		39.00

No liquid nutrient exports entered.

Material type	Total N (lbs)	Total P (lbs)	Total K (lbs)	Total salt (lbs)
Dry manure	114,075.07	48,010.30	238,851.77	3,806,744.88

Material type	Total N (lbs)	Total P (lbs)	Total K (lbs)	Total salt (lbs)
Process wastewater	0.00	0.00	0.00	0.00
Total exports for all materials	114,075.07	48,010.30	238,851.77	3,806,744.88

APPLICATION AREA

A. LIST OF LAND APPLICATION AREAS

Field name	Controlled acres	Cropable acres	Total harvests	Type of waste applied	Parcel number
Jacobs	18	18	1	none	X046-X220-X010-XXXX
PV-1	15	15	1	manure	X046-X240-X050-XXXX
PV-10	40	40	2	process wastewater	X046-X240-X023-XXXX X046-X240-X050-XXXX
PV-11	13	13	1	none	X046-X240-X050-XXXX
PV-13	71	71	2	process wastewater	X046-X240-X023-XXXX
PV-16	62	62	1	manure	X046-X240-X023-XXXX X046-X240-X031-XXXX
PV-18	26	26	2	process wastewater	X046-X240-X023-XXXX X046-X240-X050-XXXX
PV-19	25	25	0	none	X046-X240-X023-XXXX
PV-2	21	21	0	none	X046-X240-X050-XXXX
PV-23	47	47	1	manure	X046-X240-X023-XXXX
PV-3	12	12	0	none	X046-X240-X050-XXXX
PV-4	94	94	1	manure	X046-X240-X023-XXXX X046-X240-X050-XXXX
PV-5	62	62	2	process wastewater	X046-X240-X050-XXXX X047-X060-X054-XXXX X047-X090-X031-XXXX
PV-6	42	42	2	process wastewater	X046-X240-X050-XXXX X047-X090-X031-XXXX
PV-7	45	45	2	process wastewater	X046-X240-X023-XXXX X046-X240-X050-XXXX
PV-8	23	23	1	manure	X046-X240-X050-XXXX
PV-9	39	39	2	process wastewater	X046-X240-X050-XXXX
Totals for areas that were used for application	566	566	19		
Totals for areas that were not used for application	89	89	2		
Land application area totals	655	655	21		

B. CROPS AND HARVESTS

Jacobs

Field name: Jacobs

Jacobs

04/01/2022: Almond, in shell

Crop: Almond, in shell Acres planted: 18 Plant date: 04/01/2022

Harvest date	Yield	Reporting basis	Density (lbs/cu ft)	Moisture (%)	N (mg/kg)	P (mg/kg)	K (mg/kg)	Salt (mg/kg)	TFS (%)
12/31/2023	1.00 *ton*	As-is		0.1	0.00	0.00	0.00		0.00

	Yield (tons/acre)	Total N (lbs/acre)	Total P (lbs/acre)	Total K (lbs/acre)	Salt (lbs/acre)
Anticipated harvest content	1.00	43.00	7.30	46.50	0.00
Total actual harvest content	0.06	0.00	0.00	0.00	0.00

PV-1

Field name: PV-1

01/01/2007: Almond, in shell

Crop: Almond, in shell Acres planted: 15 Plant date: 01/01/2007

Harvest date	Yield	Reporting basis	Density (lbs/cu ft)	Moisture (%)	N (mg/kg)	P (mg/kg)	K (mg/kg)	Salt (mg/kg)	TFS (%)
10/09/2023	50.37 *ton*	As-is		10.8	15,100.00	1,860.00	20,900.00		9.70

	Yield (tons/acre)	Total N (lbs/acre)	Total P (lbs/acre)	Total K (lbs/acre)	Salt (lbs/acre)
Anticipated harvest content	4.00	172.00	29.20	186.00	0.00
Total actual harvest content	3.36	101.41	12.49	140.36	581.10

PV-10

Field name: PV-10

PV-10

10/29/2022: Wheat, silage, soft dough

Crop: Wheat, silage, soft dough Acres planted: 40 Plant date: 10/29/2022

Harvest date	Yield	Reporting basis	Density (lbs/cu ft)	Moisture (%)	N (mg/kg)	P (mg/kg)	K (mg/kg)	Salt (mg/kg)	TFS (%)
04/29/2023	917.00 *ton*	As-is		67.8	5,780.00	900.00	7,260.00		6.94

	Yield (tons/acre)	Total N (lbs/acre)	Total P (lbs/acre)	Total K (lbs/acre)	Salt (lbs/acre)
Anticipated harvest content	15.00	165.00	25.50	124.50	0.00
Total actual harvest content	22.93	265.01	41.27	332.87	1,024.60

06/06/2023: Corn, silage

Crop: Corn, silage Acres planted: 40 Plant date: 06/06/2023

Harvest date	Yield	Reporting basis	Density (lbs/cu ft)	Moisture (%)	N (mg/kg)	P (mg/kg)	K (mg/kg)	Salt (mg/kg)	TFS (%)
10/06/2023	1,440.00 *ton*	As-is		72.3	4,400.00	850.00	5,150.00		7.40

	Yield (tons/acre)	Total N (lbs/acre)	Total P (lbs/acre)	Total K (lbs/acre)	Salt (lbs/acre)
Anticipated harvest content	30.00	240.00	45.00	198.00	0.00
Total actual harvest content	36.00	316.80	61.20	370.80	1,475.86

PV-11

Field name: PV-11

02/13/2023: Almond, in shell

Crop: Almond, in shell Acres planted: 13 Plant date: 02/13/2023

Harvest date	Yield	Reporting basis	Density (lbs/cu ft)	Moisture (%)	N (mg/kg)	P (mg/kg)	K (mg/kg)	Salt (mg/kg)	TFS (%)
12/31/2023	0.01 *ton*	As-is		0.1	0.00	0.00	0.00		0.00

	Yield (tons/acre)	Total N (lbs/acre)	Total P (lbs/acre)	Total K (lbs/acre)	Salt (lbs/acre)
Anticipated harvest content	1.00	43.00	7.30	46.50	0.00
Total actual harvest content	0.00	0.00	0.00	0.00	0.00

PV-13

Field name: PV-13

10/30/2022: Wheat, silage, soft dough

Crop: Wheat, silage, soft dough Acres planted: 71 Plant date: 10/30/2022

Harvest date	Yield	Reporting basis	Density (lbs/cu ft)	Moisture (%)	N (mg/kg)	P (mg/kg)	K (mg/kg)	Salt (mg/kg)	TFS (%)
04/29/2023	1,384.00 *ton*	As-is		63.9	6,170.00	1,230.00	9,600.00		9.52

	Yield (tons/acre)	Total N (lbs/acre)	Total P (lbs/acre)	Total K (lbs/acre)	Salt (lbs/acre)
Anticipated harvest content	15.00	165.00	25.50	124.50	0.00
Total actual harvest content	19.49	240.54	47.95	374.26	1,339.84

05/26/2023: Corn, silage

Crop: Corn, silage Acres planted: 71 Plant date: 05/26/2023

Harvest date	Yield	Reporting basis	Density (lbs/cu ft)	Moisture (%)	N (mg/kg)	P (mg/kg)	K (mg/kg)	Salt (mg/kg)	TFS (%)
09/27/2023	2,166.00 *ton*	As-is		64.0	4,500.00	830.00	4,550.00		4.20

	Yield (tons/acre)	Total N (lbs/acre)	Total P (lbs/acre)	Total K (lbs/acre)	Salt (lbs/acre)
Anticipated harvest content	30.00	240.00	45.00	198.00	0.00
Total actual harvest content	30.51	274.56	50.64	277.61	922.53

PV-16

Field name: PV-16

01/01/2015: Almond, in shell

Crop: Almond, in shell Acres planted: 62 Plant date: 01/01/2015

Harvest date	Yield	Reporting basis	Density (lbs/cu ft)	Moisture (%)	N (mg/kg)	P (mg/kg)	K (mg/kg)	Salt (mg/kg)	TFS (%)
09/29/2023	237.72 *ton*	As-is		11.2	16,100.00	1,940.00	23,400.00		8.70

	Yield (tons/acre)	Total N (lbs/acre)	Total P (lbs/acre)	Total K (lbs/acre)	Salt (lbs/acre)
Anticipated harvest content	4.00	172.00	29.20	186.00	0.00
Total actual harvest content	3.83	123.46	14.88	179.44	592.43

PV-18

Field name: PV-18

10/30/2022: Wheat, silage, soft dough

Crop: Wheat, silage, soft dough Acres planted: 26 Plant date: 10/30/2022

Harvest date	Yield	Reporting basis	Density (lbs/cu ft)	Moisture (%)	N (mg/kg)	P (mg/kg)	K (mg/kg)	Salt (mg/kg)	TFS (%)
04/29/2023	511.00 *ton*	As-is		60.6	6,750.00	1,530.00	12,300.00		9.73

	Yield (tons/acre)	Total N (lbs/acre)	Total P (lbs/acre)	Total K (lbs/acre)	Salt (lbs/acre)
Anticipated harvest content	15.00	165.00	25.50	124.50	0.00
Total actual harvest content	19.65	265.33	60.14	483.48	1,506.91

05/28/2023: Corn, silage

Crop: Corn, silage Acres planted: 26 Plant date: 05/28/2023

Harvest date	Yield	Reporting basis	Density (lbs/cu ft)	Moisture (%)	N (mg/kg)	P (mg/kg)	K (mg/kg)	Salt (mg/kg)	TFS (%)
09/29/2023	769.00 *ton*	As-is		63.8	4,560.00	1,050.00	7,190.00		5.40

	Yield (tons/acre)	Total N (lbs/acre)	Total P (lbs/acre)	Total K (lbs/acre)	Salt (lbs/acre)
Anticipated harvest content	30.00	240.00	45.00	198.00	0.00
Total actual harvest content	29.58	269.74	62.11	425.32	1,156.34

PV-23

Field name: PV-23

01/01/2013: Almond, in shell

Crop: Almond, in shell Acres planted: 47 Plant date: 01/01/2013

Harvest date	Yield	Reporting basis	Density (lbs/cu ft)	Moisture (%)	N (mg/kg)	P (mg/kg)	K (mg/kg)	Salt (mg/kg)	TFS (%)
09/29/2023	188.77 *ton*	As-is		11.2	16,100.00	1,940.00	23,400.00		8.70

	Yield (tons/acre)	Total N (lbs/acre)	Total P (lbs/acre)	Total K (lbs/acre)	Salt (lbs/acre)
Anticipated harvest content	4.00	172.00	29.20	186.00	0.00
Total actual harvest content	4.02	129.33	15.58	187.97	620.58

PV-4

Field name: PV-4

02/01/2019: Almond, in shell

Crop: Almond, in shell Acres planted: 94 Plant date: 02/01/2019

Harvest date	Yield	Reporting basis	Density (lbs/cu ft)	Moisture (%)	N (mg/kg)	P (mg/kg)	K (mg/kg)	Salt (mg/kg)	TFS (%)
10/04/2023	348.50 *ton*	As-is		10.8	15,100.00	1,860.00	20,900.00		9.70

	Yield (tons/acre)	Total N (lbs/acre)	Total P (lbs/acre)	Total K (lbs/acre)	Salt (lbs/acre)
Anticipated harvest content	4.00	172.00	29.20	186.00	0.00
Total actual harvest content	3.71	111.96	13.79	154.97	641.57

PV-5

Field name: PV-5

10/28/2022: Wheat, silage, soft dough

Crop: Wheat, silage, soft dough Acres planted: 62 Plant date: 10/28/2022

Harvest date	Yield	Reporting basis	Density (lbs/cu ft)	Moisture (%)	N (mg/kg)	P (mg/kg)	K (mg/kg)	Salt (mg/kg)	TFS (%)
04/29/2023	1,245.00 *ton*	As-is		69.3	6,170.00	1,140.00	10,300.00		10.70

	Yield (tons/acre)	Total N (lbs/acre)	Total P (lbs/acre)	Total K (lbs/acre)	Salt (lbs/acre)
Anticipated harvest content	15.00	165.00	25.50	124.50	0.00
Total actual harvest content	20.08	247.80	45.78	413.66	1,319.26

06/08/2023: Corn, silage

Crop: Corn, silage Acres planted: 62 Plant date: 06/08/2023

Harvest date	Yield	Reporting basis	Density (lbs/cu ft)	Moisture (%)	N (mg/kg)	P (mg/kg)	K (mg/kg)	Salt (mg/kg)	TFS (%)
09/29/2023	2,155.00 *ton*	As-is		70.2	3,990.00	820.00	2,660.00		6.60

	Yield (tons/acre)	Total N (lbs/acre)	Total P (lbs/acre)	Total K (lbs/acre)	Salt (lbs/acre)
Anticipated harvest content	30.00	240.00	45.00	198.00	0.00
Total actual harvest content	34.76	277.37	57.00	184.91	1,367.24

PV-6

Field name: PV-6

10/28/2022: Wheat, silage, soft dough

Crop: Wheat, silage, soft dough Acres planted: 42 Plant date: 10/28/2022

Harvest date	Yield	Reporting basis	Density (lbs/cu ft)	Moisture (%)	N (mg/kg)	P (mg/kg)	K (mg/kg)	Salt (mg/kg)	TFS (%)
04/29/2023	925.00 *ton*	As-is		63.9	5,460.00	1,070.00	8,860.00		10.20

	Yield (tons/acre)	Total N (lbs/acre)	Total P (lbs/acre)	Total K (lbs/acre)	Salt (lbs/acre)
Anticipated harvest content	15.00	165.00	25.50	124.50	0.00
Total actual harvest content	22.02	240.50	47.13	390.26	1,621.92

06/06/2023: Corn, silage

Crop: Corn, silage Acres planted: 42 Plant date: 06/06/2023

Harvest date	Yield	Reporting basis	Density (lbs/cu ft)	Moisture (%)	N (mg/kg)	P (mg/kg)	K (mg/kg)	Salt (mg/kg)	TFS (%)
09/28/2023	1,334.00 *ton*	As-is		66.4	4,470.00	600.00	6,060.00		6.30

	Yield (tons/acre)	Total N (lbs/acre)	Total P (lbs/acre)	Total K (lbs/acre)	Salt (lbs/acre)
Anticipated harvest content	30.00	240.00	45.00	198.00	0.00
Total actual harvest content	31.76	283.95	38.11	384.95	1,344.67

PV-7

Field name: PV-7

10/28/2022: Wheat, silage, soft dough

Crop: Wheat, silage, soft dough Acres planted: 45 Plant date: 10/28/2022

Harvest date	Yield	Reporting basis	Density (lbs/cu ft)	Moisture (%)	N (mg/kg)	P (mg/kg)	K (mg/kg)	Salt (mg/kg)	TFS (%)
04/29/2023	974.00 *ton*	As-is		64.7	5,760.00	1,010.00	8,230.00		9.30

	Yield (tons/acre)	Total N (lbs/acre)	Total P (lbs/acre)	Total K (lbs/acre)	Salt (lbs/acre)
Anticipated harvest content	15.00	165.00	25.50	124.50	0.00
Total actual harvest content	21.64	249.34	43.72	356.27	1,421.13

PV-7

06/05/2023: Corn, silage

Crop: Corn, silage Acres planted: 45 Plant date: 06/05/2023

Harvest date	Yield	Reporting basis	Density (lbs/cu ft)	Moisture (%)	N (mg/kg)	P (mg/kg)	K (mg/kg)	Salt (mg/kg)	TFS (%)
09/27/2023	1,345.00 *ton*	As-is		63.7	4,320.00	780.00	4,460.00		5.10

	Yield (tons/acre)	Total N (lbs/acre)	Total P (lbs/acre)	Total K (lbs/acre)	Salt (lbs/acre)
Anticipated harvest content	30.00	240.00	45.00	198.00	0.00
Total actual harvest content	29.89	258.24	46.63	266.61	1,106.67

PV-8

Field name: PV-8

01/01/2014: Almond, in shell

Crop: Almond, in shell Acres planted: 23 Plant date: 01/01/2014

Harvest date	Yield	Reporting basis	Density (lbs/cu ft)	Moisture (%)	N (mg/kg)	P (mg/kg)	K (mg/kg)	Salt (mg/kg)	TFS (%)
10/08/2023	152.23 *ton*	As-is		10.8	15,100.00	1,860.00	20,900.00		9.70

	Yield (tons/acre)	Total N (lbs/acre)	Total P (lbs/acre)	Total K (lbs/acre)	Salt (lbs/acre)
Anticipated harvest content	4.00	172.00	29.20	186.00	0.00
Total actual harvest content	6.62	199.88	24.62	276.66	1,145.35

PV-9

Field name: PV-9

PV-9

10/29/2022: Wheat, silage, soft dough

Crop: Wheat, silage, soft dough Acres planted: 39 Plant date: 10/29/2022

Harvest date	Yield	Reporting basis	Density (lbs/cu ft)	Moisture (%)	N (mg/kg)	P (mg/kg)	K (mg/kg)	Salt (mg/kg)	TFS (%)
04/17/2023	725.00 *ton*	As-is		66.2	7,060.00	1,860.00	17,200.00		14.30

	Yield (tons/acre)	Total N (lbs/acre)	Total P (lbs/acre)	Total K (lbs/acre)	Salt (lbs/acre)
Anticipated harvest content	15.00	165.00	25.50	124.50	0.00
Total actual harvest content	18.59	262.49	69.15	639.49	1,797.03

05/03/2023: Corn, silage

Crop: Corn, silage Acres planted: 39 Plant date: 05/03/2023

Harvest date	Yield	Reporting basis	Density (lbs/cu ft)	Moisture (%)	N (mg/kg)	P (mg/kg)	K (mg/kg)	Salt (mg/kg)	TFS (%)
09/04/2023	1,043.00 *ton*	As-is		56.2	5,650.00	1,440.00	6,710.00		5.92

	Yield (tons/acre)	Total N (lbs/acre)	Total P (lbs/acre)	Total K (lbs/acre)	Salt (lbs/acre)
Anticipated harvest content	30.00	240.00	45.00	198.00	0.00
Total actual harvest content	26.74	302.20	77.02	358.90	1,386.90

NUTRIENT BUDGET

A. LAND APPLICATIONS

Jacobs - 04/01/2022: Almond, in shell

Field name: Jacobs

Crop: Almond, in shell

Plant date: 04/01/2022

Application date	Application method	Precipitation 24 hours prior	Precipitation during application	Precipitation 24 hours following
04/01/2023	Surface (irrigation)	No precipitation	No precipitation	No precipitation

Source description	Material type	N (lbs/acre)	P (lbs/acre)	K (lbs/acre)	Salt (lbs/acre)	Amount
TID Highline	Surface water	0.00	0.00	0.00	28.19	1,842,312.00 *gal*
Application event totals		0.00	0.00	0.00	28.19	

Application date	Application method	Precipitation 24 hours prior	Precipitation during application	Precipitation 24 hours following
05/01/2023	Surface (irrigation)	No precipitation	No precipitation	No precipitation

Source description	Material type	N (lbs/acre)	P (lbs/acre)	K (lbs/acre)	Salt (lbs/acre)	Amount
TID Highline	Surface water	0.00	0.00	0.00	56.37	3,684,624.00 *gal*
Application event totals		0.00	0.00	0.00	56.37	

Application date	Application method	Precipitation 24 hours prior	Precipitation during application	Precipitation 24 hours following
05/09/2023	Sidedress	No precipitation	No precipitation	No precipitation

Source description	Material type	N (lbs/acre)	P (lbs/acre)	K (lbs/acre)	Salt (lbs/acre)	Amount
Triple 15	Solid commercial fertilizer	12.00	12.00	12.00	0.00	
Application event totals		12.00	12.00	12.00	0.00	

Application date	Application method	Precipitation 24 hours prior	Precipitation during application	Precipitation 24 hours following
06/01/2023	Surface (irrigation)	No precipitation	No precipitation	No precipitation

Source description	Material type	N (lbs/acre)	P (lbs/acre)	K (lbs/acre)	Salt (lbs/acre)	Amount
TID Highline	Surface water	0.00	0.00	0.00	56.37	3,684,624.00 *gal*
Application event totals		0.00	0.00	0.00	56.37	

Application date	Application method	Precipitation 24 hours prior	Precipitation during application	Precipitation 24 hours following
07/01/2023	Surface (irrigation)	No precipitation	No precipitation	No precipitation

Source description	Material type	N (lbs/acre)	P (lbs/acre)	K (lbs/acre)	Salt (lbs/acre)	Amount
TID Highline	Surface water	0.00	0.00	0.00	56.37	3,684,624.00 *gal*
Application event totals		0.00	0.00	0.00	56.37	

Jacobs - 04/01/2022: Almond, in shell

Application date	Application method	Precipitation 24 hours prior	Precipitation during application	Precipitation 24 hours following
08/01/2023	Surface (irrigation)	No precipitation	No precipitation	No precipitation

Source description	Material type	N (lbs/acre)	P (lbs/acre)	K (lbs/acre)	Salt (lbs/acre)	Amount
TID Highline	Surface water	0.00	0.00	0.00	56.37	3,684,624.00 *gal*
Application event totals		0.00	0.00	0.00	56.37	

Application date	Application method	Precipitation 24 hours prior	Precipitation during application	Precipitation 24 hours following
09/01/2023	Surface (irrigation)	No precipitation	No precipitation	No precipitation

Source description	Material type	N (lbs/acre)	P (lbs/acre)	K (lbs/acre)	Salt (lbs/acre)	Amount
TID Highline	Surface water	0.00	0.00	0.00	56.37	3,684,624.00 *gal*
Application event totals		0.00	0.00	0.00	56.37	

PV-1 - 01/01/2007: Almond, in shell

Field name: PV-1

Crop: Almond, in shell

Plant date: 01/01/2007

Application date	Application method	Precipitation 24 hours prior	Precipitation during application	Precipitation 24 hours following
11/22/2022	Broadcast/incorporate	No precipitation	No precipitation	No precipitation

Source description	Material type	N (lbs/acre)	P (lbs/acre)	K (lbs/acre)	Salt (lbs/acre)	Amount
Corral Solids	Corral solids	95.82	32.97	226.28	2,739.15	50.00 *ton*
Application event totals		95.82	32.97	226.28	2,739.15	

Application date	Application method	Precipitation 24 hours prior	Precipitation during application	Precipitation 24 hours following
04/01/2023	Surface (irrigation)	No precipitation	No precipitation	No precipitation

Source description	Material type	N (lbs/acre)	P (lbs/acre)	K (lbs/acre)	Salt (lbs/acre)	Amount
Merced River	Surface water	0.00	0.00	0.00	21.93	1,515,898.00 *gal*
Application event totals		0.00	0.00	0.00	21.93	

Application date	Application method	Precipitation 24 hours prior	Precipitation during application	Precipitation 24 hours following
04/25/2023	Sidedress	No precipitation	No precipitation	No precipitation

Source description	Material type	N (lbs/acre)	P (lbs/acre)	K (lbs/acre)	Salt (lbs/acre)	Amount
UN32	Solid commercial fertilizer	32.00	0.00	0.00	0.00	
Application event totals		32.00	0.00	0.00	0.00	

PV-1 - 01/01/2007: Almond, in shell

Application date	Application method	Precipitation 24 hours prior	Precipitation during application	Precipitation 24 hours following
05/01/2023	Surface (irrigation)	No precipitation	No precipitation	No precipitation

Source description	Material type	N (lbs/acre)	P (lbs/acre)	K (lbs/acre)	Salt (lbs/acre)	Amount
Merced River	Surface water	0.00	0.00	0.00	43.85	3,031,796.00 *gal*
Application event totals		0.00	0.00	0.00	43.85	

Application date	Application method	Precipitation 24 hours prior	Precipitation during application	Precipitation 24 hours following
06/01/2023	Surface (irrigation)	No precipitation	No precipitation	No precipitation

Source description	Material type	N (lbs/acre)	P (lbs/acre)	K (lbs/acre)	Salt (lbs/acre)	Amount
Merced River	Surface water	0.00	0.00	0.00	43.85	3,031,796.00 *gal*
Application event totals		0.00	0.00	0.00	43.85	

Application date	Application method	Precipitation 24 hours prior	Precipitation during application	Precipitation 24 hours following
07/01/2023	Surface (irrigation)	No precipitation	No precipitation	No precipitation

Source description	Material type	N (lbs/acre)	P (lbs/acre)	K (lbs/acre)	Salt (lbs/acre)	Amount
Merced River	Surface water	0.00	0.00	0.00	43.85	3,031,796.00 *gal*
Application event totals		0.00	0.00	0.00	43.85	

Application date	Application method	Precipitation 24 hours prior	Precipitation during application	Precipitation 24 hours following
08/01/2023	Surface (irrigation)	No precipitation	No precipitation	No precipitation

Source description	Material type	N (lbs/acre)	P (lbs/acre)	K (lbs/acre)	Salt (lbs/acre)	Amount
Merced River	Surface water	0.00	0.00	0.00	43.85	3,031,796.00 *gal*
Application event totals		0.00	0.00	0.00	43.85	

Application date	Application method	Precipitation 24 hours prior	Precipitation during application	Precipitation 24 hours following
09/01/2023	Surface (irrigation)	No precipitation	No precipitation	No precipitation

Source description	Material type	N (lbs/acre)	P (lbs/acre)	K (lbs/acre)	Salt (lbs/acre)	Amount
Merced River	Surface water	0.00	0.00	0.00	21.93	1,515,898.00 *gal*
Application event totals		0.00	0.00	0.00	21.93	

PV-10 - 10/29/2022: Wheat, silage, soft dough

Field name: PV-10

Crop: Wheat, silage, soft dough

Plant date: 10/29/2022

Application date	Application method	Precipitation 24 hours prior	Precipitation during application	Precipitation 24 hours following

PV-10 - 10/29/2022: Wheat, silage, soft dough

Application date	Application method	Precipitation 24 hours prior	Precipitation during application	Precipitation 24 hours following
10/05/2022	Surface (irrigation)	No precipitation	No precipitation	No precipitation

Source description	Material type	N (lbs/acre)	P (lbs/acre)	K (lbs/acre)	Salt (lbs/acre)	Amount
WWS	Process wastewater	237.06	18.85	206.84	1,063.99	2,040,000.00 *gal*
Application event totals		237.06	18.85	206.84	1,063.99	

04/04/2023	Surface (irrigation)	No precipitation	No precipitation	No precipitation

Source description	Material type	N (lbs/acre)	P (lbs/acre)	K (lbs/acre)	Salt (lbs/acre)	Amount
WWS	Process wastewater	99.86	10.92	119.15	1,077.91	864,000.00 *gal*
Application event totals		99.86	10.92	119.15	1,077.91	

PV-10 - 06/06/2023: Corn, silage

Field name: PV-10

Crop: Corn, silage

Plant date: 06/06/2023

Application date	Application method	Precipitation 24 hours prior	Precipitation during application	Precipitation 24 hours following
05/25/2023	Surface (irrigation)	No precipitation	No precipitation	No precipitation

Source description	Material type	N (lbs/acre)	P (lbs/acre)	K (lbs/acre)	Salt (lbs/acre)	Amount
Merced River	Surface water	0.00	0.00	0.00	43.94	8,100,000.00 *gal*
Application event totals		0.00	0.00	0.00	43.94	

07/14/2023	Surface (irrigation)	No precipitation	No precipitation	No precipitation

Source description	Material type	N (lbs/acre)	P (lbs/acre)	K (lbs/acre)	Salt (lbs/acre)	Amount
WWS	Process wastewater	116.19	9.65	117.24	856.95	1,260,000.00 *gal*
Merced River	Surface water	0.00	0.00	0.00	39.05	7,200,000.00 *gal*
Application event totals		116.19	9.65	117.24	896.00	

07/25/2023	Surface (irrigation)	No precipitation	No precipitation	No precipitation

Source description	Material type	N (lbs/acre)	P (lbs/acre)	K (lbs/acre)	Salt (lbs/acre)	Amount
Merced River	Surface water	0.00	0.00	0.00	35.08	6,468,000.00 *gal*
Application event totals		0.00	0.00	0.00	35.08	

PV-10 - 06/06/2023: Corn, silage

Application date	Application method	Precipitation 24 hours prior	Precipitation during application	Precipitation 24 hours following
08/09/2023	Surface (irrigation)	No precipitation	No precipitation	No precipitation

Source description	Material type	N (lbs/acre)	P (lbs/acre)	K (lbs/acre)	Salt (lbs/acre)	Amount
Merced River	Surface water	0.00	0.00	0.00	29.29	5,400,000.00 *gal*
Application event totals		0.00	0.00	0.00	29.29	

Application date	Application method	Precipitation 24 hours prior	Precipitation during application	Precipitation 24 hours following
08/22/2023	Surface (irrigation)	No precipitation	No precipitation	No precipitation

Source description	Material type	N (lbs/acre)	P (lbs/acre)	K (lbs/acre)	Salt (lbs/acre)	Amount
WWS	Process wastewater	81.33	6.75	82.07	599.86	882,000.00 *gal*
Merced River	Surface water	0.00	0.00	0.00	25.22	4,650,000.00 *gal*
Application event totals		81.33	6.75	82.07	625.09	

Application date	Application method	Precipitation 24 hours prior	Precipitation during application	Precipitation 24 hours following
09/06/2023	Surface (irrigation)	No precipitation	No precipitation	No precipitation

Source description	Material type	N (lbs/acre)	P (lbs/acre)	K (lbs/acre)	Salt (lbs/acre)	Amount
WWS	Process wastewater	108.44	9.00	109.42	799.82	1,176,000.00 *gal*
Merced River	Surface water	0.00	0.00	0.00	30.92	5,700,000.00 *gal*
Application event totals		108.44	9.00	109.42	830.74	

Application date	Application method	Precipitation 24 hours prior	Precipitation during application	Precipitation 24 hours following
09/11/2023	Surface (irrigation)	No precipitation	No precipitation	No precipitation

Source description	Material type	N (lbs/acre)	P (lbs/acre)	K (lbs/acre)	Salt (lbs/acre)	Amount
WWS	Process wastewater	71.93	5.97	72.58	530.49	780,000.00 *gal*
Merced River	Surface water	0.00	0.00	0.00	18.71	3,450,000.00 *gal*
Application event totals		71.93	5.97	72.58	549.21	

PV-11 - 02/13/2023: Almond, in shell

Field name: PV-11

Crop: Almond, in shell

Plant date: 02/13/2023

Application date	Application method	Precipitation 24 hours prior	Precipitation during application	Precipitation 24 hours following

PV-11 - 02/13/2023: Almond, in shell

Application date	Application method	Precipitation 24 hours prior	Precipitation during application	Precipitation 24 hours following
04/01/2023	Surface (irrigation)	No precipitation	No precipitation	No precipitation

Source description	Material type	N (lbs/acre)	P (lbs/acre)	K (lbs/acre)	Salt (lbs/acre)	Amount
Merced River	Surface water	0.00	0.00	0.00	20.57	1,232,699.00 *gal*
Application event totals		0.00	0.00	0.00	20.57	

Application date	Application method	Precipitation 24 hours prior	Precipitation during application	Precipitation 24 hours following
05/01/2023	Surface (irrigation)	No precipitation	No precipitation	No precipitation

Source description	Material type	N (lbs/acre)	P (lbs/acre)	K (lbs/acre)	Salt (lbs/acre)	Amount
Merced River	Surface water	0.00	0.00	0.00	41.15	2,465,398.00 *gal*
Application event totals		0.00	0.00	0.00	41.15	

Application date	Application method	Precipitation 24 hours prior	Precipitation during application	Precipitation 24 hours following
05/06/2023	Sidedress	No precipitation	No precipitation	No precipitation

Source description	Material type	N (lbs/acre)	P (lbs/acre)	K (lbs/acre)	Salt (lbs/acre)	Amount
Triple 15	Solid commercial fertilizer	12.00	12.00	12.00	0.00	
Application event totals		12.00	12.00	12.00	0.00	

Application date	Application method	Precipitation 24 hours prior	Precipitation during application	Precipitation 24 hours following
06/01/2023	Surface (irrigation)	No precipitation	No precipitation	No precipitation

Source description	Material type	N (lbs/acre)	P (lbs/acre)	K (lbs/acre)	Salt (lbs/acre)	Amount
Merced River	Surface water	0.00	0.00	0.00	41.15	2,465,398.00 *gal*
Application event totals		0.00	0.00	0.00	41.15	

Application date	Application method	Precipitation 24 hours prior	Precipitation during application	Precipitation 24 hours following
07/01/2023	Surface (irrigation)	No precipitation	No precipitation	No precipitation

Source description	Material type	N (lbs/acre)	P (lbs/acre)	K (lbs/acre)	Salt (lbs/acre)	Amount
Merced River	Surface water	0.00	0.00	0.00	41.15	2,465,398.00 *gal*
Application event totals		0.00	0.00	0.00	41.15	

Application date	Application method	Precipitation 24 hours prior	Precipitation during application	Precipitation 24 hours following
08/01/2023	Surface (irrigation)	No precipitation	No precipitation	No precipitation

Source description	Material type	N (lbs/acre)	P (lbs/acre)	K (lbs/acre)	Salt (lbs/acre)	Amount
Merced River	Surface water	0.00	0.00	0.00	41.15	2,465,398.00 *gal*
Application event totals		0.00	0.00	0.00	41.15	

PV-11 - 02/13/2023: Almond, in shell

Application date	Application method	Precipitation 24 hours prior	Precipitation during application	Precipitation 24 hours following
09/01/2023	Surface (irrigation)	No precipitation	No precipitation	No precipitation

Source description	Material type	N (lbs/acre)	P (lbs/acre)	K (lbs/acre)	Salt (lbs/acre)	Amount
Merced River	Surface water	0.00	0.00	0.00	41.15	2,465,398.00 *gal*
Application event totals		0.00	0.00	0.00	41.15	

PV-13 - 10/30/2022: Wheat, silage, soft dough

Field name: PV-13

Crop: Wheat, silage, soft dough

Plant date: 10/30/2022

Application date	Application method	Precipitation 24 hours prior	Precipitation during application	Precipitation 24 hours following
11/07/2022	Surface (irrigation)	No precipitation	No precipitation	No precipitation

Source description	Material type	N (lbs/acre)	P (lbs/acre)	K (lbs/acre)	Salt (lbs/acre)	Amount
WWS	Process wastewater	98.99	7.87	86.37	444.28	1,512,000.00 *gal*
Application event totals		98.99	7.87	86.37	444.28	

12/26/2022	Surface (irrigation)	No precipitation	No precipitation	No precipitation

Source description	Material type	N (lbs/acre)	P (lbs/acre)	K (lbs/acre)	Salt (lbs/acre)	Amount
WWS	Process wastewater	87.99	7.00	76.77	394.92	1,344,000.00 *gal*
Application event totals		87.99	7.00	76.77	394.92	

02/27/2023	Surface (irrigation)	No precipitation	No precipitation	No precipitation

Source description	Material type	N (lbs/acre)	P (lbs/acre)	K (lbs/acre)	Salt (lbs/acre)	Amount
WWS	Process wastewater	138.62	25.96	90.98	343.24	936,000.00 *gal*
Application event totals		138.62	25.96	90.98	343.24	

PV-13 - 05/26/2023: Corn, silage

Field name: PV-13

Crop: Corn, silage

Plant date: 05/26/2023

PV-13 - 05/26/2023: Corn, silage

Application date	Application method	Precipitation 24 hours prior	Precipitation during application	Precipitation 24 hours following
05/06/2023	Surface (irrigation)	No precipitation	No precipitation	No precipitation

Source description	Material type	N (lbs/acre)	P (lbs/acre)	K (lbs/acre)	Salt (lbs/acre)	Amount
WWS	Process wastewater	106.27	11.62	126.79	1,147.07	1,632,000.00 *gal*
Merced River	Surface water	0.00	0.00	0.00	27.50	9,000,000.00 *gal*
Application event totals		106.27	11.62	126.79	1,174.57	

Application date	Application method	Precipitation 24 hours prior	Precipitation during application	Precipitation 24 hours following
06/22/2023	Surface (irrigation)	No precipitation	No precipitation	No precipitation

Source description	Material type	N (lbs/acre)	P (lbs/acre)	K (lbs/acre)	Salt (lbs/acre)	Amount
Merced River	Surface water	0.00	0.00	0.00	27.50	9,000,000.00 *gal*
Application event totals		0.00	0.00	0.00	27.50	

Application date	Application method	Precipitation 24 hours prior	Precipitation during application	Precipitation 24 hours following
07/10/2023	Surface (irrigation)	No precipitation	No precipitation	No precipitation

Source description	Material type	N (lbs/acre)	P (lbs/acre)	K (lbs/acre)	Salt (lbs/acre)	Amount
WWS	Process wastewater	115.64	9.60	116.69	852.92	2,226,000.00 *gal*
Merced River	Surface water	0.00	0.00	0.00	27.50	9,000,000.00 *gal*
Application event totals		115.64	9.60	116.69	880.43	

Application date	Application method	Precipitation 24 hours prior	Precipitation during application	Precipitation 24 hours following
07/18/2023	Surface (irrigation)	No precipitation	No precipitation	No precipitation

Source description	Material type	N (lbs/acre)	P (lbs/acre)	K (lbs/acre)	Salt (lbs/acre)	Amount
Merced River	Surface water	0.00	0.00	0.00	29.34	9,600,000.00 *gal*
Application event totals		0.00	0.00	0.00	29.34	

Application date	Application method	Precipitation 24 hours prior	Precipitation during application	Precipitation 24 hours following
08/03/2023	Surface (irrigation)	No precipitation	No precipitation	No precipitation

Source description	Material type	N (lbs/acre)	P (lbs/acre)	K (lbs/acre)	Salt (lbs/acre)	Amount
WWS	Process wastewater	87.28	7.25	88.07	643.72	1,680,000.00 *gal*
Merced River	Surface water	0.00	0.00	0.00	29.80	9,750,000.00 *gal*
Application event totals		87.28	7.25	88.07	673.51	

PV-13 - 05/26/2023: Corn, silage

Application date	Application method	Precipitation 24 hours prior	Precipitation during application	Precipitation 24 hours following
08/16/2023	Surface (irrigation)	No precipitation	No precipitation	No precipitation

Source description	Material type	N (lbs/acre)	P (lbs/acre)	K (lbs/acre)	Salt (lbs/acre)	Amount
Merced River	Surface water	0.00	0.00	0.00	25.67	8,400,000.00 *gal*
Application event totals		0.00	0.00	0.00	25.67	

Application date	Application method	Precipitation 24 hours prior	Precipitation during application	Precipitation 24 hours following
09/01/2023	Surface (irrigation)	No precipitation	No precipitation	No precipitation

Source description	Material type	N (lbs/acre)	P (lbs/acre)	K (lbs/acre)	Salt (lbs/acre)	Amount
WWS	Process wastewater	43.64	3.62	44.03	321.86	840,000.00 *gal*
Merced River	Surface water	0.00	0.00	0.00	27.04	8,850,000.00 *gal*
Application event totals		43.64	3.62	44.03	348.90	

PV-16 - 01/01/2015: Almond, in shell

Field name: PV-16

Crop: Almond, in shell

Plant date: 01/01/2015

Application date	Application method	Precipitation 24 hours prior	Precipitation during application	Precipitation 24 hours following
11/23/2022	Broadcast/incorporate	No precipitation	No precipitation	No precipitation

Source description	Material type	N (lbs/acre)	P (lbs/acre)	K (lbs/acre)	Salt (lbs/acre)	Amount
Corral Solids	Corral solids	92.73	31.90	218.98	2,650.79	200.00 *ton*
Application event totals		92.73	31.90	218.98	2,650.79	

Application date	Application method	Precipitation 24 hours prior	Precipitation during application	Precipitation 24 hours following
04/01/2023	Surface (irrigation)	No precipitation	No precipitation	No precipitation

Source description	Material type	N (lbs/acre)	P (lbs/acre)	K (lbs/acre)	Salt (lbs/acre)	Amount
IW Field 23	Ground water	6.52	0.00	0.00	136.74	2,362,626.00 *gal*
Merced River	Surface water	0.00	0.00	0.00	8.27	2,362,626.00 *gal*
Application event totals		6.52	0.00	0.00	145.01	

PV-16 - 01/01/2015: Almond, in shell

Application date	Application method	Precipitation 24 hours prior	Precipitation during application	Precipitation 24 hours following
04/16/2023	Sidedress	No precipitation	No precipitation	No precipitation

Source description	Material type	N (lbs/acre)	P (lbs/acre)	K (lbs/acre)	Salt (lbs/acre)	Amount
UN32	Solid commercial fertilizer	32.00	0.00	0.00	0.00	
Application event totals		32.00	0.00	0.00	0.00	

05/01/2023	Surface (irrigation)	No precipitation	No precipitation	No precipitation

Source description	Material type	N (lbs/acre)	P (lbs/acre)	K (lbs/acre)	Salt (lbs/acre)	Amount
IW Field 23	Ground water	13.04	0.00	0.00	273.48	4,725,252.00 *gal*
Merced River	Surface water	0.00	0.00	0.00	16.54	4,725,252.00 *gal*
Application event totals		13.04	0.00	0.00	290.02	

06/01/2023	Surface (irrigation)	No precipitation	No precipitation	No precipitation

Source description	Material type	N (lbs/acre)	P (lbs/acre)	K (lbs/acre)	Salt (lbs/acre)	Amount
IW Field 23	Ground water	13.04	0.00	0.00	273.48	4,725,252.00 *gal*
Merced River	Surface water	0.00	0.00	0.00	16.54	4,725,252.00 *gal*
Application event totals		13.04	0.00	0.00	290.02	

07/01/2023	Surface (irrigation)	No precipitation	No precipitation	No precipitation

Source description	Material type	N (lbs/acre)	P (lbs/acre)	K (lbs/acre)	Salt (lbs/acre)	Amount
Merced River	Surface water	0.00	0.00	0.00	33.07	9,450,504.00 *gal*
Application event totals		0.00	0.00	0.00	33.07	

08/01/2023	Surface (irrigation)	No precipitation	No precipitation	No precipitation

Source description	Material type	N (lbs/acre)	P (lbs/acre)	K (lbs/acre)	Salt (lbs/acre)	Amount
Merced River	Surface water	0.00	0.00	0.00	33.07	9,450,504.00 *gal*
Application event totals		0.00	0.00	0.00	33.07	

09/01/2023	Surface (irrigation)	No precipitation	No precipitation	No precipitation

Source description	Material type	N (lbs/acre)	P (lbs/acre)	K (lbs/acre)	Salt (lbs/acre)	Amount
Merced River	Surface water	0.00	0.00	0.00	16.54	4,725,252.00 *gal*
Application event totals		0.00	0.00	0.00	16.54	

PV-18 - 10/30/2022: Wheat, silage, soft dough

Field name: PV-18

Crop: Wheat, silage, soft dough

Plant date: 10/30/2022

Application date	Application method	Precipitation 24 hours prior	Precipitation during application	Precipitation 24 hours following
09/27/2022	Surface (irrigation)	No precipitation	No precipitation	No precipitation

Source description	Material type	N (lbs/acre)	P (lbs/acre)	K (lbs/acre)	Salt (lbs/acre)	Amount
WWS	Process wastewater	149.69	15.40	195.41	1,018.04	1,344,000.00 *gal*
Application event totals		149.69	15.40	195.41	1,018.04	

Application date	Application method	Precipitation 24 hours prior	Precipitation during application	Precipitation 24 hours following
12/21/2022	Surface (irrigation)	No precipitation	No precipitation	No precipitation

Source description	Material type	N (lbs/acre)	P (lbs/acre)	K (lbs/acre)	Salt (lbs/acre)	Amount
WWS	Process wastewater	180.21	14.33	157.24	808.82	1,008,000.00 *gal*
Application event totals		180.21	14.33	157.24	808.82	

PV-18 - 05/28/2023: Corn, silage

Field name: PV-18

Crop: Corn, silage

Plant date: 05/28/2023

Application date	Application method	Precipitation 24 hours prior	Precipitation during application	Precipitation 24 hours following
05/12/2023	Surface (irrigation)	No precipitation	No precipitation	No precipitation

Source description	Material type	N (lbs/acre)	P (lbs/acre)	K (lbs/acre)	Salt (lbs/acre)	Amount
Merced River	Surface water	0.00	0.00	0.00	7.26	870,000.00 *gal*
Application event totals		0.00	0.00	0.00	7.26	

Application date	Application method	Precipitation 24 hours prior	Precipitation during application	Precipitation 24 hours following
06/08/2023	Surface (irrigation)	No precipitation	No precipitation	No precipitation

Source description	Material type	N (lbs/acre)	P (lbs/acre)	K (lbs/acre)	Salt (lbs/acre)	Amount
Merced River	Surface water	0.00	0.00	0.00	45.06	5,400,000.00 *gal*
Application event totals		0.00	0.00	0.00	45.06	

PV-18 - 05/28/2023: Corn, silage

Application date	Application method	Precipitation 24 hours prior	Precipitation during application	Precipitation 24 hours following
07/07/2023	Surface (irrigation)	No precipitation	No precipitation	No precipitation

Source description	Material type	N (lbs/acre)	P (lbs/acre)	K (lbs/acre)	Salt (lbs/acre)	Amount
WWS	Process wastewater	65.54	5.44	66.13	483.41	462,000.00 *gal*
Merced River	Surface water	0.00	0.00	0.00	11.27	1,350,000.00 *gal*
Application event totals		65.54	5.44	66.13	494.67	

Application date	Application method	Precipitation 24 hours prior	Precipitation during application	Precipitation 24 hours following
07/20/2023	Surface (irrigation)	No precipitation	No precipitation	No precipitation

Source description	Material type	N (lbs/acre)	P (lbs/acre)	K (lbs/acre)	Salt (lbs/acre)	Amount
WWS	Process wastewater	41.71	3.46	42.09	307.62	294,000.00 *gal*
Merced River	Surface water	0.00	0.00	0.00	47.57	5,700,000.00 *gal*
Application event totals		41.71	3.46	42.09	355.19	

Application date	Application method	Precipitation 24 hours prior	Precipitation during application	Precipitation 24 hours following
08/02/2023	Surface (irrigation)	No precipitation	No precipitation	No precipitation

Source description	Material type	N (lbs/acre)	P (lbs/acre)	K (lbs/acre)	Salt (lbs/acre)	Amount
WWS	Process wastewater	95.33	7.92	96.20	703.14	672,000.00 *gal*
Merced River	Surface water	0.00	0.00	0.00	33.80	4,050,000.00 *gal*
Application event totals		95.33	7.92	96.20	736.93	

Application date	Application method	Precipitation 24 hours prior	Precipitation during application	Precipitation 24 hours following
08/15/2023	Surface (irrigation)	No precipitation	No precipitation	No precipitation

Source description	Material type	N (lbs/acre)	P (lbs/acre)	K (lbs/acre)	Salt (lbs/acre)	Amount
WWS	Process wastewater	71.50	5.94	72.15	527.35	504,000.00 *gal*
Merced River	Surface water	0.00	0.00	0.00	27.54	3,300,000.00 *gal*
Application event totals		71.50	5.94	72.15	554.89	

Application date	Application method	Precipitation 24 hours prior	Precipitation during application	Precipitation 24 hours following
09/03/2023	Surface (irrigation)	No precipitation	No precipitation	No precipitation

Source description	Material type	N (lbs/acre)	P (lbs/acre)	K (lbs/acre)	Salt (lbs/acre)	Amount
WWS	Process wastewater	95.33	7.92	96.20	703.14	672,000.00 *gal*
Merced River	Surface water	0.00	0.00	0.00	32.55	3,900,000.00 *gal*
Application event totals		95.33	7.92	96.20	735.68	

PV-23 - 01/01/2013: Almond, in shell

PV-23 - 01/01/2013: Almond, in shell

Field name: PV-23

Crop: Almond, in shell

Plant date: 01/01/2013

Application date	Application method	Precipitation 24 hours prior	Precipitation during application	Precipitation 24 hours following
11/23/2022	Surface (irrigation)	No precipitation	No precipitation	No precipitation

Source description	Material type	N (lbs/acre)	P (lbs/acre)	K (lbs/acre)	Salt (lbs/acre)	Amount
Corral Solids	Corral solids	97.85	33.67	231.09	2,797.43	160.00 *ton*
Application event totals		97.85	33.67	231.09	2,797.43	

Application date	Application method	Precipitation 24 hours prior	Precipitation during application	Precipitation 24 hours following
04/01/2023	Surface (irrigation)	No precipitation	No precipitation	No precipitation

Source description	Material type	N (lbs/acre)	P (lbs/acre)	K (lbs/acre)	Salt (lbs/acre)	Amount
IW Field 23	Ground water	6.70	0.00	0.00	140.57	1,841,232.00 *gal*
Merced River	Surface water	0.00	0.00	0.00	8.50	1,841,232.00 *gal*
Application event totals		6.70	0.00	0.00	149.07	

Application date	Application method	Precipitation 24 hours prior	Precipitation during application	Precipitation 24 hours following
04/16/2023	Sidedress	No precipitation	No precipitation	No precipitation

Source description	Material type	N (lbs/acre)	P (lbs/acre)	K (lbs/acre)	Salt (lbs/acre)	Amount
UN32	Solid commercial fertilizer	32.00	0.00	0.00	0.00	
Application event totals		32.00	0.00	0.00	0.00	

Application date	Application method	Precipitation 24 hours prior	Precipitation during application	Precipitation 24 hours following
05/01/2023	Surface (irrigation)	No precipitation	No precipitation	No precipitation

Source description	Material type	N (lbs/acre)	P (lbs/acre)	K (lbs/acre)	Salt (lbs/acre)	Amount
IW Field 23	Ground water	13.40	0.00	0.00	281.15	3,682,464.00 *gal*
Merced River	Surface water	0.00	0.00	0.00	17.00	3,682,464.00 *gal*
Application event totals		13.40	0.00	0.00	298.15	

Application date	Application method	Precipitation 24 hours prior	Precipitation during application	Precipitation 24 hours following
06/01/2023	Surface (irrigation)	No precipitation	No precipitation	No precipitation

Source description	Material type	N (lbs/acre)	P (lbs/acre)	K (lbs/acre)	Salt (lbs/acre)	Amount
IW Field 23	Ground water	13.40	0.00	0.00	281.15	3,682,464.00 *gal*
Merced River	Surface water	0.00	0.00	0.00	17.00	3,682,464.00 *gal*
Application event totals		13.40	0.00	0.00	298.15	

PV-23 - 01/01/2013: Almond, in shell

Application date	Application method	Precipitation 24 hours prior	Precipitation during application	Precipitation 24 hours following
07/01/2023	Surface (irrigation)	No precipitation	No precipitation	No precipitation

Source description	Material type	N (lbs/acre)	P (lbs/acre)	K (lbs/acre)	Salt (lbs/acre)	Amount
Merced River	Surface water	0.00	0.00	0.00	34.00	7,364,928.00 *gal*
Application event totals		0.00	0.00	0.00	34.00	

Application date	Application method	Precipitation 24 hours prior	Precipitation during application	Precipitation 24 hours following
08/01/2023	Surface (irrigation)	No precipitation	No precipitation	No precipitation

Source description	Material type	N (lbs/acre)	P (lbs/acre)	K (lbs/acre)	Salt (lbs/acre)	Amount
Merced River	Surface water	0.00	0.00	0.00	34.00	7,364,928.00 *gal*
Application event totals		0.00	0.00	0.00	34.00	

Application date	Application method	Precipitation 24 hours prior	Precipitation during application	Precipitation 24 hours following
09/01/2023	Surface (irrigation)	No precipitation	No precipitation	No precipitation

Source description	Material type	N (lbs/acre)	P (lbs/acre)	K (lbs/acre)	Salt (lbs/acre)	Amount
Merced River	Surface water	0.00	0.00	0.00	17.00	3,682,464.00 *gal*
Application event totals		0.00	0.00	0.00	17.00	

PV-4 - 02/01/2019: Almond, in shell

Field name: PV-4

Crop: Almond, in shell

Plant date: 02/01/2019

Application date	Application method	Precipitation 24 hours prior	Precipitation during application	Precipitation 24 hours following
11/22/2022	Broadcast/incorporate	No precipitation	No precipitation	No precipitation

Source description	Material type	N (lbs/acre)	P (lbs/acre)	K (lbs/acre)	Salt (lbs/acre)	Amount
Corral Solids	Corral solids	97.85	33.67	231.09	2,797.43	320.00 *ton*
Application event totals		97.85	33.67	231.09	2,797.43	

Application date	Application method	Precipitation 24 hours prior	Precipitation during application	Precipitation 24 hours following
04/01/2023	Surface (irrigation)	No precipitation	No precipitation	No precipitation

Source description	Material type	N (lbs/acre)	P (lbs/acre)	K (lbs/acre)	Salt (lbs/acre)	Amount
Merced River	Surface water	0.00	0.00	0.00	21.30	9,226,219.00 *gal*
Application event totals		0.00	0.00	0.00	21.30	

PV-4 - 02/01/2019: Almond, in shell

Application date	Application method	Precipitation 24 hours prior	Precipitation during application	Precipitation 24 hours following
04/25/2023	Sidedress	No precipitation	No precipitation	No precipitation

Source description	Material type	N (lbs/acre)	P (lbs/acre)	K (lbs/acre)	Salt (lbs/acre)	Amount
UN32	Solid commercial fertilizer	32.00	0.00	0.00	0.00	
Application event totals		32.00	0.00	0.00	0.00	

Application date	Application method	Precipitation 24 hours prior	Precipitation during application	Precipitation 24 hours following
05/01/2023	Surface (irrigation)	No precipitation	No precipitation	No precipitation

Source description	Material type	N (lbs/acre)	P (lbs/acre)	K (lbs/acre)	Salt (lbs/acre)	Amount
Merced River	Surface water	0.00	0.00	0.00	42.59	18,452,438.00 *gal*
Application event totals		0.00	0.00	0.00	42.59	

Application date	Application method	Precipitation 24 hours prior	Precipitation during application	Precipitation 24 hours following
06/01/2023	Surface (irrigation)	No precipitation	No precipitation	No precipitation

Source description	Material type	N (lbs/acre)	P (lbs/acre)	K (lbs/acre)	Salt (lbs/acre)	Amount
Merced River	Surface water	0.00	0.00	0.00	42.59	18,452,438.00 *gal*
Application event totals		0.00	0.00	0.00	42.59	

Application date	Application method	Precipitation 24 hours prior	Precipitation during application	Precipitation 24 hours following
07/01/2023	Surface (irrigation)	No precipitation	No precipitation	No precipitation

Source description	Material type	N (lbs/acre)	P (lbs/acre)	K (lbs/acre)	Salt (lbs/acre)	Amount
Merced River	Surface water	0.00	0.00	0.00	42.59	18,452,438.00 *gal*
Application event totals		0.00	0.00	0.00	42.59	

Application date	Application method	Precipitation 24 hours prior	Precipitation during application	Precipitation 24 hours following
08/01/2023	Surface (irrigation)	No precipitation	No precipitation	No precipitation

Source description	Material type	N (lbs/acre)	P (lbs/acre)	K (lbs/acre)	Salt (lbs/acre)	Amount
Merced River	Surface water	0.00	0.00	0.00	42.59	18,452,438.00 *gal*
Application event totals		0.00	0.00	0.00	42.59	

Application date	Application method	Precipitation 24 hours prior	Precipitation during application	Precipitation 24 hours following
09/01/2023	Surface (irrigation)	No precipitation	No precipitation	No precipitation

Source description	Material type	N (lbs/acre)	P (lbs/acre)	K (lbs/acre)	Salt (lbs/acre)	Amount
Merced River	Surface water	0.00	0.00	0.00	21.30	9,226,219.00 *gal*
Application event totals		0.00	0.00	0.00	21.30	

PV-5 - 10/28/2022: Wheat, silage, soft dough

PV-5 - 10/28/2022: Wheat, silage, soft dough

Field name: PV-5

Crop: Wheat, silage, soft dough

Plant date: 10/28/2022

Application date	Application method	Precipitation 24 hours prior	Precipitation during application	Precipitation 24 hours following
10/04/2022	Surface (irrigation)	No precipitation	No precipitation	No precipitation

Source description	Material type	N (lbs/acre)	P (lbs/acre)	K (lbs/acre)	Salt (lbs/acre)	Amount
WWS	Process wastewater	82.77	6.58	72.22	371.49	1,104,000.00 *gal*
Application event totals		82.77	6.58	72.22	371.49	

Application date	Application method	Precipitation 24 hours prior	Precipitation during application	Precipitation 24 hours following
12/03/2022	Surface (irrigation)	No precipitation	No precipitation	No precipitation

Source description	Material type	N (lbs/acre)	P (lbs/acre)	K (lbs/acre)	Salt (lbs/acre)	Amount
WWS	Process wastewater	125.95	10.02	109.90	565.31	1,680,000.00 *gal*
Application event totals		125.95	10.02	109.90	565.31	

Application date	Application method	Precipitation 24 hours prior	Precipitation during application	Precipitation 24 hours following
02/21/2023	Surface (irrigation)	No precipitation	No precipitation	No precipitation

Source description	Material type	N (lbs/acre)	P (lbs/acre)	K (lbs/acre)	Salt (lbs/acre)	Amount
WWS	Process wastewater	122.11	22.87	80.14	302.36	720,000.00 *gal*
Application event totals		122.11	22.87	80.14	302.36	

PV-5 - 06/08/2023: Corn, silage

Field name: PV-5

Crop: Corn, silage

Plant date: 06/08/2023

Application date	Application method	Precipitation 24 hours prior	Precipitation during application	Precipitation 24 hours following
05/22/2023	Surface (irrigation)	No precipitation	No precipitation	No precipitation

Source description	Material type	N (lbs/acre)	P (lbs/acre)	K (lbs/acre)	Salt (lbs/acre)	Amount
WWS	Process wastewater	85.90	9.40	102.49	927.23	1,152,000.00 *gal*
Merced River	Surface water	0.00	0.00	0.00	36.95	10,560,000.00 *gal*
Application event totals		85.90	9.40	102.49	964.19	

PV-5 - 06/08/2023: Corn, silage

Application date	Application method	Precipitation 24 hours prior	Precipitation during application	Precipitation 24 hours following
07/11/2023	Surface (irrigation)	No precipitation	No precipitation	No precipitation

Source description	Material type	N (lbs/acre)	P (lbs/acre)	K (lbs/acre)	Salt (lbs/acre)	Amount
Merced River	Surface water	0.00	0.00	0.00	27.09	7,740,000.00 *gal*
Application event totals		0.00	0.00	0.00	27.09	

07/23/2023	Surface (irrigation)	No precipitation	No precipitation	No precipitation

Source description	Material type	N (lbs/acre)	P (lbs/acre)	K (lbs/acre)	Salt (lbs/acre)	Amount
WWS	Process wastewater	59.97	4.98	60.51	442.30	1,008,000.00 *gal*
Merced River	Surface water	0.00	0.00	0.00	20.33	5,808,000.00 *gal*
Application event totals		59.97	4.98	60.51	462.62	

08/08/2023	Surface (irrigation)	No precipitation	No precipitation	No precipitation

Source description	Material type	N (lbs/acre)	P (lbs/acre)	K (lbs/acre)	Salt (lbs/acre)	Amount
WWS	Process wastewater	77.46	6.43	78.16	571.30	1,302,000.00 *gal*
Merced River	Surface water	0.00	0.00	0.00	21.42	6,120,000.00 *gal*
Application event totals		77.46	6.43	78.16	592.72	

08/21/2023	Surface (irrigation)	No precipitation	No precipitation	No precipitation

Source description	Material type	N (lbs/acre)	P (lbs/acre)	K (lbs/acre)	Salt (lbs/acre)	Amount
WWS	Process wastewater	67.46	5.60	68.07	497.58	1,134,000.00 *gal*
Merced River	Surface water	0.00	0.00	0.00	29.61	8,460,000.00 *gal*
Application event totals		67.46	5.60	68.07	527.19	

09/06/2023	Surface (irrigation)	No precipitation	No precipitation	No precipitation

Source description	Material type	N (lbs/acre)	P (lbs/acre)	K (lbs/acre)	Salt (lbs/acre)	Amount
WWS	Process wastewater	67.46	5.60	68.07	497.58	1,134,000.00 *gal*
Merced River	Surface water	0.00	0.00	0.00	30.24	8,640,000.00 *gal*
Application event totals		67.46	5.60	68.07	527.82	

PV-6 - 10/28/2022: Wheat, silage, soft dough

PV-6 - 10/28/2022: Wheat, silage, soft dough

Field name: PV-6

Crop: Wheat, silage, soft dough

Plant date: 10/28/2022

Application date	Application method	Precipitation 24 hours prior	Precipitation during application	Precipitation 24 hours following
10/01/2022	Surface (irrigation)	No precipitation	No precipitation	No precipitation

Source description	Material type	N (lbs/acre)	P (lbs/acre)	K (lbs/acre)	Salt (lbs/acre)	Amount
WWS	Process wastewater	95.62	7.60	83.43	429.17	864,000.00 *gal*
Application event totals		95.62	7.60	83.43	429.17	

Application date	Application method	Precipitation 24 hours prior	Precipitation during application	Precipitation 24 hours following
01/03/2023	Surface (irrigation)	No precipitation	No precipitation	No precipitation

Source description	Material type	N (lbs/acre)	P (lbs/acre)	K (lbs/acre)	Salt (lbs/acre)	Amount
WWS	Process wastewater	210.29	39.39	138.03	520.73	840,000.00 *gal*
Application event totals		210.29	39.39	138.03	520.73	

PV-6 - 06/06/2023: Corn, silage

Field name: PV-6

Crop: Corn, silage

Plant date: 06/06/2023

Application date	Application method	Precipitation 24 hours prior	Precipitation during application	Precipitation 24 hours following
05/18/2023	Surface (irrigation)	No precipitation	No precipitation	No precipitation

Source description	Material type	N (lbs/acre)	P (lbs/acre)	K (lbs/acre)	Salt (lbs/acre)	Amount
WWS	Process wastewater	126.81	13.87	151.30	1,368.77	1,152,000.00 *gal*
Merced River	Surface water	0.00	0.00	0.00	39.98	7,740,000.00 *gal*
Application event totals		126.81	13.87	151.30	1,408.76	

Application date	Application method	Precipitation 24 hours prior	Precipitation during application	Precipitation 24 hours following
07/10/2023	Surface (irrigation)	No precipitation	No precipitation	No precipitation

Source description	Material type	N (lbs/acre)	P (lbs/acre)	K (lbs/acre)	Salt (lbs/acre)	Amount
Merced River	Surface water	0.00	0.00	0.00	29.29	5,670,000.00 *gal*
Application event totals		0.00	0.00	0.00	29.29	

PV-6 - 06/06/2023: Corn, silage

Application date	Application method	Precipitation 24 hours prior	Precipitation during application	Precipitation 24 hours following
07/22/2023	Surface (irrigation)	No precipitation	No precipitation	No precipitation

Source description	Material type	N (lbs/acre)	P (lbs/acre)	K (lbs/acre)	Salt (lbs/acre)	Amount
WWS	Process wastewater	73.77	6.13	74.44	544.09	840,000.00 *gal*
Merced River	Surface water	0.00	0.00	0.00	27.28	5,280,000.00 *gal*
Application event totals		73.77	6.13	74.44	571.37	

Application date	Application method	Precipitation 24 hours prior	Precipitation during application	Precipitation 24 hours following
08/07/2023	Surface (irrigation)	No precipitation	No precipitation	No precipitation

Source description	Material type	N (lbs/acre)	P (lbs/acre)	K (lbs/acre)	Salt (lbs/acre)	Amount
WWS	Process wastewater	84.84	7.04	85.60	625.71	966,000.00 *gal*
Merced River	Surface water	0.00	0.00	0.00	26.66	5,160,000.00 *gal*
Application event totals		84.84	7.04	85.60	652.36	

Application date	Application method	Precipitation 24 hours prior	Precipitation during application	Precipitation 24 hours following
08/18/2023	Surface (irrigation)	No precipitation	No precipitation	No precipitation

Source description	Material type	N (lbs/acre)	P (lbs/acre)	K (lbs/acre)	Salt (lbs/acre)	Amount
Merced River	Surface water	0.00	0.00	0.00	34.41	6,660,000.00 *gal*
Application event totals		0.00	0.00	0.00	34.41	

Application date	Application method	Precipitation 24 hours prior	Precipitation during application	Precipitation 24 hours following
09/05/2023	Surface (irrigation)	No precipitation	No precipitation	No precipitation

Source description	Material type	N (lbs/acre)	P (lbs/acre)	K (lbs/acre)	Salt (lbs/acre)	Amount
WWS	Process wastewater	77.46	6.43	78.16	571.30	882,000.00 *gal*
Merced River	Surface water	0.00	0.00	0.00	38.12	7,380,000.00 *gal*
Application event totals		77.46	6.43	78.16	609.42	

PV-7 - 10/28/2022: Wheat, silage, soft dough

Field name: PV-7

Crop: Wheat, silage, soft dough

Plant date: 10/28/2022

Application date	Application method	Precipitation 24 hours prior	Precipitation during application	Precipitation 24 hours following

PV-7 - 10/28/2022: Wheat, silage, soft dough

Application date	Application method	Precipitation 24 hours prior	Precipitation during application	Precipitation 24 hours following
09/30/2022	Surface (irrigation)	No precipitation	No precipitation	No precipitation

Source description	Material type	N (lbs/acre)	P (lbs/acre)	K (lbs/acre)	Salt (lbs/acre)	Amount
WWS	Process wastewater	52.51	5.40	68.55	357.12	816,000.00 *gal*
Application event totals		52.51	5.40	68.55	357.12	

Application date	Application method	Precipitation 24 hours prior	Precipitation during application	Precipitation 24 hours following
11/12/2022	Surface (irrigation)	No precipitation	No precipitation	No precipitation

Source description	Material type	N (lbs/acre)	P (lbs/acre)	K (lbs/acre)	Salt (lbs/acre)	Amount
WWS	Process wastewater	104.12	8.28	90.85	467.32	1,008,000.00 *gal*
Application event totals		104.12	8.28	90.85	467.32	

Application date	Application method	Precipitation 24 hours prior	Precipitation during application	Precipitation 24 hours following
03/07/2023	Surface (irrigation)	No precipitation	No precipitation	No precipitation

Source description	Material type	N (lbs/acre)	P (lbs/acre)	K (lbs/acre)	Salt (lbs/acre)	Amount
WWS	Process wastewater	179.45	33.61	117.78	444.35	768,000.00 *gal*
Application event totals		179.45	33.61	117.78	444.35	

PV-7 - 06/05/2023: Corn, silage

Field name: PV-7

Crop: Corn, silage

Plant date: 06/05/2023

Application date	Application method	Precipitation 24 hours prior	Precipitation during application	Precipitation 24 hours following
05/14/2023	Surface (irrigation)	No precipitation	No precipitation	No precipitation

Source description	Material type	N (lbs/acre)	P (lbs/acre)	K (lbs/acre)	Salt (lbs/acre)	Amount
WWS	Process wastewater	73.97	8.09	88.26	798.45	720,000.00 *gal*
Merced River	Surface water	0.00	0.00	0.00	42.53	8,820,000.00 *gal*
Application event totals		73.97	8.09	88.26	840.98	

PV-7 - 06/05/2023: Corn, silage

Application date	Application method	Precipitation 24 hours prior	Precipitation during application	Precipitation 24 hours following
07/08/2023	Surface (irrigation)	No precipitation	No precipitation	No precipitation

Source description	Material type	N (lbs/acre)	P (lbs/acre)	K (lbs/acre)	Salt (lbs/acre)	Amount
WWS	Process wastewater	72.29	6.00	72.95	533.21	882,000.00 *gal*
Merced River	Surface water	0.00	0.00	0.00	26.04	5,400,000.00 *gal*
Application event totals		72.29	6.00	72.95	559.25	

Application date	Application method	Precipitation 24 hours prior	Precipitation during application	Precipitation 24 hours following
07/21/2023	Surface (irrigation)	No precipitation	No precipitation	No precipitation

Source description	Material type	N (lbs/acre)	P (lbs/acre)	K (lbs/acre)	Salt (lbs/acre)	Amount
WWS	Process wastewater	68.85	5.72	69.47	507.82	840,000.00 *gal*
Merced River	Surface water	0.00	0.00	0.00	30.55	6,336,000.00 *gal*
Application event totals		68.85	5.72	69.47	538.37	

Application date	Application method	Precipitation 24 hours prior	Precipitation during application	Precipitation 24 hours following
08/06/2023	Surface (irrigation)	No precipitation	No precipitation	No precipitation

Source description	Material type	N (lbs/acre)	P (lbs/acre)	K (lbs/acre)	Salt (lbs/acre)	Amount
WWS	Process wastewater	61.97	5.15	62.53	457.04	756,000.00 *gal*
Merced River	Surface water	0.00	0.00	0.00	26.04	5,400,000.00 *gal*
Application event totals		61.97	5.15	62.53	483.08	

Application date	Application method	Precipitation 24 hours prior	Precipitation during application	Precipitation 24 hours following
08/17/2023	Surface (irrigation)	No precipitation	No precipitation	No precipitation

Source description	Material type	N (lbs/acre)	P (lbs/acre)	K (lbs/acre)	Salt (lbs/acre)	Amount
Merced River	Surface water	0.00	0.00	0.00	38.19	7,920,000.00 *gal*
Application event totals		0.00	0.00	0.00	38.19	

Application date	Application method	Precipitation 24 hours prior	Precipitation during application	Precipitation 24 hours following
09/04/2023	Surface (irrigation)	No precipitation	No precipitation	No precipitation

Source description	Material type	N (lbs/acre)	P (lbs/acre)	K (lbs/acre)	Salt (lbs/acre)	Amount
WWS	Process wastewater	61.97	5.15	62.53	457.04	756,000.00 *gal*
Merced River	Surface water	0.00	0.00	0.00	32.98	6,840,000.00 *gal*
Application event totals		61.97	5.15	62.53	490.02	

PV-8 - 01/01/2014: Almond, in shell

PV-8 - 01/01/2014: Almond, in shell

Field name: PV-8

Crop: Almond, in shell

Plant date: 01/01/2014

Application date	Application method	Precipitation 24 hours prior	Precipitation during application	Precipitation 24 hours following
11/22/2022	Sidedress	No precipitation	No precipitation	No precipitation

Source description	Material type	N (lbs/acre)	P (lbs/acre)	K (lbs/acre)	Salt (lbs/acre)	Amount
Corral Solids	Corral solids	99.98	34.40	236.12	2,858.24	80.00 *ton*
Application event totals		99.98	34.40	236.12	2,858.24	

Application date	Application method	Precipitation 24 hours prior	Precipitation during application	Precipitation 24 hours following
04/01/2023	Surface (irrigation)	No precipitation	No precipitation	No precipitation

Source description	Material type	N (lbs/acre)	P (lbs/acre)	K (lbs/acre)	Salt (lbs/acre)	Amount
IW - Field 1	Ground water	10.49	0.00	0.00	149.09	1,014,626.00 *gal*
Merced River	Surface water	0.00	0.00	0.00	9.57	1,014,626.00 *gal*
Application event totals		10.49	0.00	0.00	158.67	

Application date	Application method	Precipitation 24 hours prior	Precipitation during application	Precipitation 24 hours following
04/25/2023	Sidedress	No precipitation	No precipitation	No precipitation

Source description	Material type	N (lbs/acre)	P (lbs/acre)	K (lbs/acre)	Salt (lbs/acre)	Amount
UN32	Solid commercial fertilizer	32.00	0.00	0.00	0.00	
Application event totals		32.00	0.00	0.00	0.00	

Application date	Application method	Precipitation 24 hours prior	Precipitation during application	Precipitation 24 hours following
05/01/2023	Surface (irrigation)	No precipitation	No precipitation	No precipitation

Source description	Material type	N (lbs/acre)	P (lbs/acre)	K (lbs/acre)	Salt (lbs/acre)	Amount
IW - Field 1	Ground water	20.98	0.00	0.00	298.19	2,029,252.00 *gal*
Merced River	Surface water	0.00	0.00	0.00	19.14	2,029,252.00 *gal*
Application event totals		20.98	0.00	0.00	317.33	

Application date	Application method	Precipitation 24 hours prior	Precipitation during application	Precipitation 24 hours following
06/01/2023	Surface (irrigation)	No precipitation	No precipitation	No precipitation

Source description	Material type	N (lbs/acre)	P (lbs/acre)	K (lbs/acre)	Salt (lbs/acre)	Amount
IW - Field 1	Ground water	20.98	0.00	0.00	298.19	2,029,252.00 *gal*
Merced River	Surface water	0.00	0.00	0.00	19.14	2,029,252.00 *gal*
Application event totals		20.98	0.00	0.00	317.33	

PV-8 - 01/01/2014: Almond, in shell

Application date	Application method	Precipitation 24 hours prior	Precipitation during application	Precipitation 24 hours following
07/01/2023	Surface (irrigation)	No precipitation	No precipitation	No precipitation

Source description	Material type	N (lbs/acre)	P (lbs/acre)	K (lbs/acre)	Salt (lbs/acre)	Amount
IW - Field 1	Ground water	20.98	0.00	0.00	298.19	2,029,252.00 *gal*
Merced River	Surface water	0.00	0.00	0.00	19.14	2,029,252.00 *gal*
Application event totals		20.98	0.00	0.00	317.33	

Application date	Application method	Precipitation 24 hours prior	Precipitation during application	Precipitation 24 hours following
08/01/2023	Surface (irrigation)	No precipitation	No precipitation	No precipitation

Source description	Material type	N (lbs/acre)	P (lbs/acre)	K (lbs/acre)	Salt (lbs/acre)	Amount
IW - Field 1	Ground water	20.98	0.00	0.00	298.19	2,029,252.00 *gal*
Merced River	Surface water	0.00	0.00	0.00	19.14	2,029,252.00 *gal*
Application event totals		20.98	0.00	0.00	317.33	

Application date	Application method	Precipitation 24 hours prior	Precipitation during application	Precipitation 24 hours following
09/01/2023	Surface (irrigation)	No precipitation	No precipitation	No precipitation

Source description	Material type	N (lbs/acre)	P (lbs/acre)	K (lbs/acre)	Salt (lbs/acre)	Amount
IW - Field 1	Ground water	10.49	0.00	0.00	149.09	1,014,626.00 *gal*
Merced River	Surface water	0.00	0.00	0.00	9.57	1,014,626.00 *gal*
Application event totals		10.49	0.00	0.00	158.67	

PV-9 - 10/29/2022: Wheat, silage, soft dough

Field name: PV-9

Crop: Wheat, silage, soft dough

Plant date: 10/29/2022

Application date	Application method	Precipitation 24 hours prior	Precipitation during application	Precipitation 24 hours following
10/07/2022	Surface (irrigation)	No precipitation	No precipitation	No precipitation

Source description	Material type	N (lbs/acre)	P (lbs/acre)	K (lbs/acre)	Salt (lbs/acre)	Amount
WWS	Process wastewater	364.70	29.01	318.21	1,636.90	3,060,000.00 *gal*
Application event totals		364.70	29.01	318.21	1,636.90	

PV-9 - 05/03/2023: Corn, silage

PV-9 - 05/03/2023: Corn, silage

Field name: PV-9

Crop: Corn, silage

Plant date: 05/03/2023

Application date	Application method	Precipitation 24 hours prior	Precipitation during application	Precipitation 24 hours following
04/19/2023	Surface (irrigation)	No precipitation	No precipitation	No precipitation

Source description	Material type	N (lbs/acre)	P (lbs/acre)	K (lbs/acre)	Salt (lbs/acre)	Amount
WWS	Process wastewater	153.63	16.81	183.30	1,658.32	1,296,000.00 *gal*
Merced River	Surface water	0.00	0.00	0.00	42.06	7,560,000.00 *gal*
Application event totals		153.63	16.81	183.30	1,700.38	

06/15/2023	Surface (irrigation)	No precipitation	No precipitation	No precipitation

Source description	Material type	N (lbs/acre)	P (lbs/acre)	K (lbs/acre)	Salt (lbs/acre)	Amount
WWS	Process wastewater	109.53	11.98	130.69	1,182.32	924,000.00 *gal*
Merced River	Surface water	0.00	0.00	0.00	31.38	5,640,000.00 *gal*
Application event totals		109.53	11.98	130.69	1,213.70	

07/03/2023	Surface (irrigation)	No precipitation	No precipitation	No precipitation

Source description	Material type	N (lbs/acre)	P (lbs/acre)	K (lbs/acre)	Salt (lbs/acre)	Amount
Merced River	Surface water	0.00	0.00	0.00	28.04	5,040,000.00 *gal*
Application event totals		0.00	0.00	0.00	28.04	

07/15/2023	Surface (irrigation)	No precipitation	No precipitation	No precipitation

Source description	Material type	N (lbs/acre)	P (lbs/acre)	K (lbs/acre)	Salt (lbs/acre)	Amount
WWS	Process wastewater	71.50	5.94	72.15	527.35	756,000.00 *gal*
Merced River	Surface water	0.00	0.00	0.00	30.04	5,400,000.00 *gal*
Application event totals		71.50	5.94	72.15	557.39	

07/24/2023	Surface (irrigation)	No precipitation	No precipitation	No precipitation

Source description	Material type	N (lbs/acre)	P (lbs/acre)	K (lbs/acre)	Salt (lbs/acre)	Amount
Merced River	Surface water	0.00	0.00	0.00	37.45	6,732,000.00 *gal*
Application event totals		0.00	0.00	0.00	37.45	

PV-9 - 05/03/2023: Corn, silage

Application date	Application method	Precipitation 24 hours prior	Precipitation during application	Precipitation 24 hours following
08/04/2023	Surface (irrigation)	No precipitation	No precipitation	No precipitation

Source description	Material type	N (lbs/acre)	P (lbs/acre)	K (lbs/acre)	Salt (lbs/acre)	Amount
Merced River	Surface water	0.00	0.00	0.00	29.37	5,280,000.00 *gal*
Application event totals		0.00	0.00	0.00	29.37	

Application date	Application method	Precipitation 24 hours prior	Precipitation during application	Precipitation 24 hours following
08/14/2023	Surface (irrigation)	No precipitation	No precipitation	No precipitation

Source description	Material type	N (lbs/acre)	P (lbs/acre)	K (lbs/acre)	Salt (lbs/acre)	Amount
WWS	Process wastewater	71.50	5.94	72.15	527.35	756,000.00 *gal*
Merced River	Surface water	0.00	0.00	0.00	13.62	2,448,000.00 *gal*
Application event totals		71.50	5.94	72.15	540.97	

B. NUTRIENT BUDGET

Jacobs - 04/01/2022: Almond, in shell

Field name: Jacobs Crop: Almond, in shell Plant date: 04/01/2022

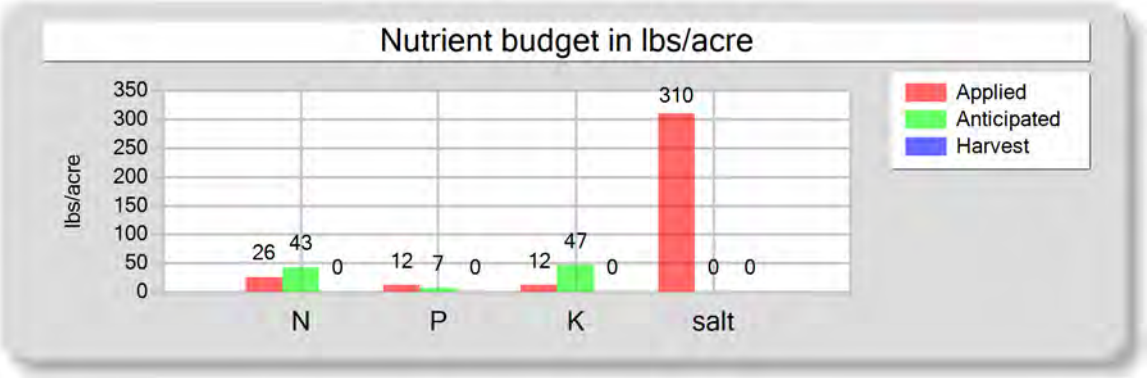

	Total N (lbs/acre)	Total P (lbs/acre)	Total K (lbs/acre)	Total salt (lbs/acre)
Existing soil nutrient content	0.00	0.00	0.00	0.00
Plowdown credit	0.00	0.00	0.00	0.00
Commercial fertilizer / Other	12.00	12.00	12.00	0.00
Dry manure	0.00	0.00	0.00	0.00
Process wastewater	0.00	0.00	0.00	0.00
Fresh water	0.00	0.00	0.00	310.04
Atmospheric deposition	14.00	0.00	0.00	0.00
Total nutrients applied	26.00	12.00	12.00	310.04
Anticipated crop nutrient removal	43.00	7.30	46.50	0.00
Actual crop nutrient removal	0.00	0.00	0.00	0.00
Nutrient balance	26.00	12.00	12.00	310.04
Applied to removed ratio	0.00	0.00	0.00	0.00

Fresh water applied	
20,265,432.00	*gallons*
746.31	*acre-inches*
41.46	*inches/acre*

Process wastewater applied	
0.00	*gallons*
0.00	*acre-inches*
0.00	*inches/acre*

Total harvests for the crop	
1	*harvests*

PV-1 - 01/01/2007: Almond, in shell

Field name: PV-1 Crop: Almond, in shell Plant date: 01/01/2007

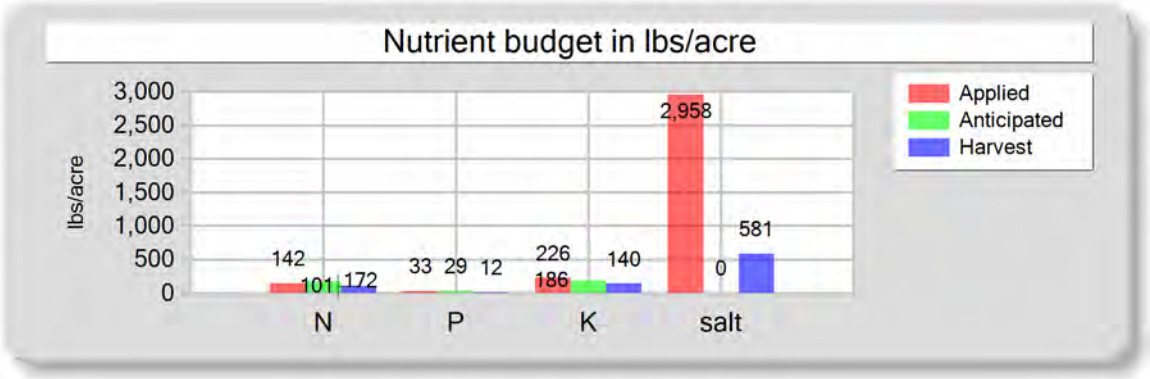

	Total N (lbs/acre)	Total P (lbs/acre)	Total K (lbs/acre)	Total salt (lbs/acre)
Existing soil nutrient content	0.00	0.00	0.00	0.00
Plowdown credit	0.00	0.00	0.00	0.00
Commercial fertilizer / Other	32.00	0.00	0.00	0.00
Dry manure	95.82	32.97	226.28	2,739.15
Process wastewater	0.00	0.00	0.00	0.00
Fresh water	0.00	0.00	0.00	219.27
Atmospheric deposition	14.00	0.00	0.00	0.00
Total nutrients applied	141.82	32.97	226.28	2,958.42
Anticipated crop nutrient removal	172.00	29.20	186.00	0.00
Actual crop nutrient removal	101.41	12.49	140.36	581.10
Nutrient balance	40.40	20.48	85.91	2,377.32
Applied to removed ratio	1.40	2.64	1.61	5.09

Fresh water applied	
15,158,980.00	*gallons*
558.25	*acre-inches*
37.22	*inches/acre*

Process wastewater applied	
0.00	*gallons*
0.00	*acre-inches*
0.00	*inches/acre*

Total harvests for the crop	
1	*harvests*

PV-10 - 10/29/2022: Wheat, silage, soft dough

Field name: PV-10 Crop: Wheat, silage, soft dough Plant date: 10/29/2022

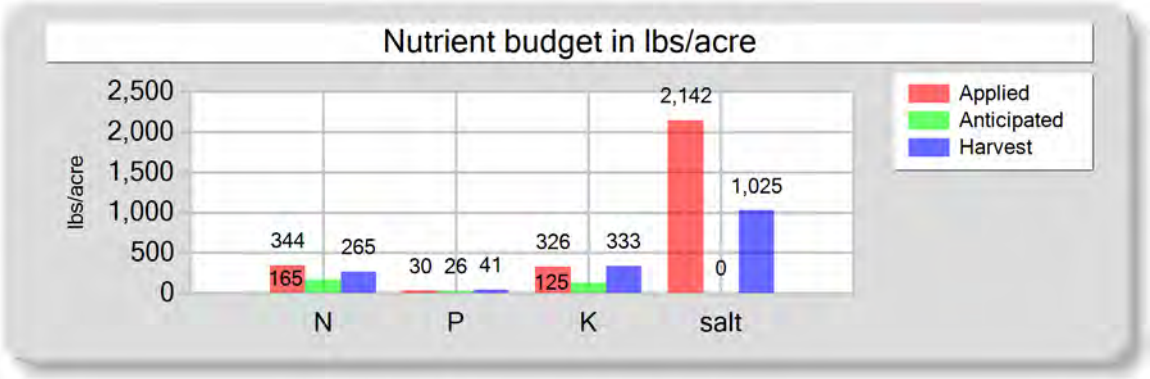

	Total N (lbs/acre)	Total P (lbs/acre)	Total K (lbs/acre)	Total salt (lbs/acre)
Existing soil nutrient content	0.00	0.00	0.00	0.00
Plowdown credit	0.00	0.00	0.00	0.00
Commercial fertilizer / Other	0.00	0.00	0.00	0.00
Dry manure	0.00	0.00	0.00	0.00
Process wastewater	336.92	29.78	325.99	2,141.89
Fresh water	0.00	0.00	0.00	0.00
Atmospheric deposition	7.00	0.00	0.00	0.00
Total nutrients applied	343.92	29.78	325.99	2,141.89
Anticipated crop nutrient removal	165.00	25.50	124.50	0.00
Actual crop nutrient removal	265.01	41.27	332.87	1,024.60
Nutrient balance	78.90	-11.49	-6.89	1,117.29
Applied to removed ratio	1.30	0.72	0.98	2.09

Fresh water applied
0.00 *gallons*
0.00 *acre-inches*
0.00 *inches/acre*

Process wastewater applied
2,904,000.00 *gallons*
106.94 *acre-inches*
2.67 *inches/acre*

Total harvests for the crop
1 *harvests*

PV-10 - 06/06/2023: Corn, silage

Field name: PV-10 Crop: Corn, silage Plant date: 06/06/2023

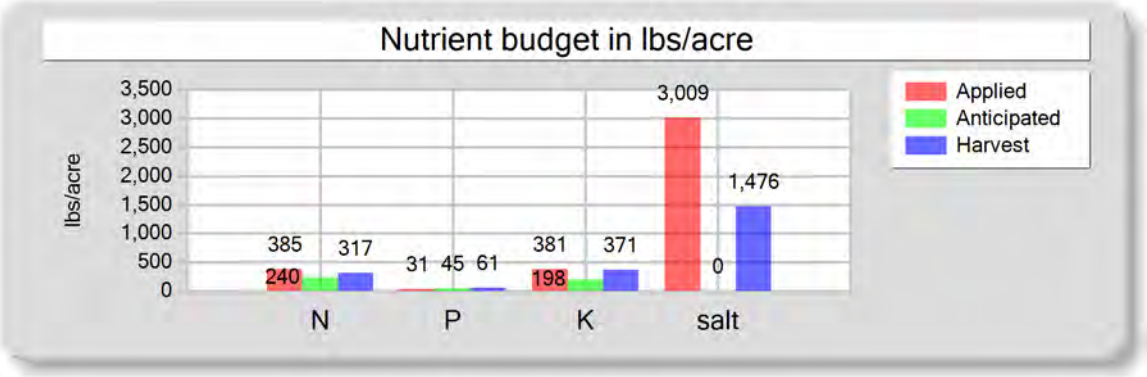

	Total N (lbs/acre)	Total P (lbs/acre)	Total K (lbs/acre)	Total salt (lbs/acre)
Existing soil nutrient content	0.00	0.00	0.00	0.00
Plowdown credit	0.00	0.00	0.00	0.00
Commercial fertilizer / Other	0.00	0.00	0.00	0.00
Dry manure	0.00	0.00	0.00	0.00
Process wastewater	377.89	31.38	381.31	2,787.12
Fresh water	0.00	0.00	0.00	222.22
Atmospheric deposition	7.00	0.00	0.00	0.00
Total nutrients applied	384.89	31.38	381.31	3,009.34
Anticipated crop nutrient removal	240.00	45.00	198.00	0.00
Actual crop nutrient removal	316.80	61.20	370.80	1,475.86
Nutrient balance	68.09	-29.82	10.51	1,533.49
Applied to removed ratio	1.21	0.51	1.03	2.04

Fresh water applied	
40,968,000.00	*gallons*
1,508.71	*acre-inches*
37.72	*inches/acre*

Process wastewater applied	
4,098,000.00	*gallons*
150.92	*acre-inches*
3.77	*inches/acre*

Total harvests for the crop	
1	*harvests*

PV-11 - 02/13/2023: Almond, in shell

Field name: PV-11 Crop: Almond, in shell Plant date: 02/13/2023

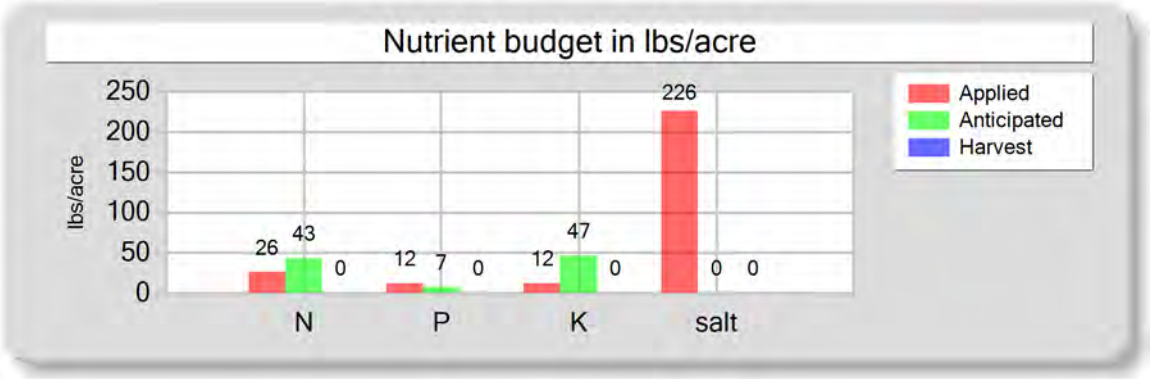

	Total N (lbs/acre)	Total P (lbs/acre)	Total K (lbs/acre)	Total salt (lbs/acre)
Existing soil nutrient content	0.00	0.00	0.00	0.00
Plowdown credit	0.00	0.00	0.00	0.00
Commercial fertilizer / Other	12.00	12.00	12.00	0.00
Dry manure	0.00	0.00	0.00	0.00
Process wastewater	0.00	0.00	0.00	0.00
Fresh water	0.00	0.00	0.00	226.31
Atmospheric deposition	14.00	0.00	0.00	0.00
Total nutrients applied	26.00	12.00	12.00	226.31
Anticipated crop nutrient removal	43.00	7.30	46.50	0.00
Actual crop nutrient removal	0.00	0.00	0.00	0.00
Nutrient balance	26.00	12.00	12.00	226.31
Applied to removed ratio	0.00	0.00	0.00	0.00

Fresh water applied	
13,559,689.00	*gallons*
499.36	*acre-inches*
38.41	*inches/acre*

Process wastewater applied	
0.00	*gallons*
0.00	*acre-inches*
0.00	*inches/acre*

Total harvests for the crop	
1	*harvests*

PV-13 - 10/30/2022: Wheat, silage, soft dough

Field name: PV-13 Crop: Wheat, silage, soft dough Plant date: 10/30/2022

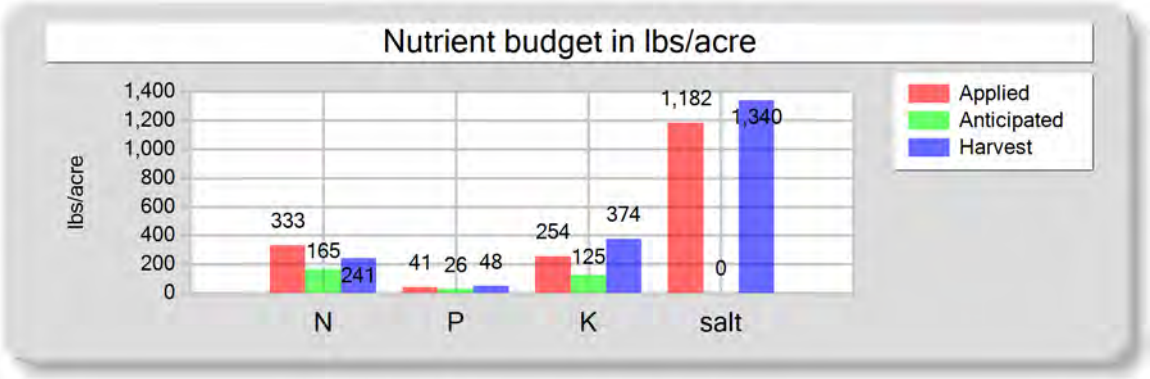

	Total N (lbs/acre)	Total P (lbs/acre)	Total K (lbs/acre)	Total salt (lbs/acre)
Existing soil nutrient content	0.00	0.00	0.00	0.00
Plowdown credit	0.00	0.00	0.00	0.00
Commercial fertilizer / Other	0.00	0.00	0.00	0.00
Dry manure	0.00	0.00	0.00	0.00
Process wastewater	325.59	40.83	254.12	1,182.44
Fresh water	0.00	0.00	0.00	0.00
Atmospheric deposition	7.00	0.00	0.00	0.00
Total nutrients applied	332.59	40.83	254.12	1,182.44
Anticipated crop nutrient removal	165.00	25.50	124.50	0.00
Actual crop nutrient removal	240.54	47.95	374.26	1,339.84
Nutrient balance	92.05	-7.12	-120.14	-157.39
Applied to removed ratio	1.38	0.85	0.68	0.88

Fresh water applied
0.00 *gallons*
0.00 *acre-inches*
0.00 *inches/acre*

Process wastewater applied
3,792,000.00 *gallons*
139.65 *acre-inches*
1.97 *inches/acre*

Total harvests for the crop
1 *harvests*

PV-13 - 05/26/2023: Corn, silage

Field name: PV-13 Crop: Corn, silage Plant date: 05/26/2023

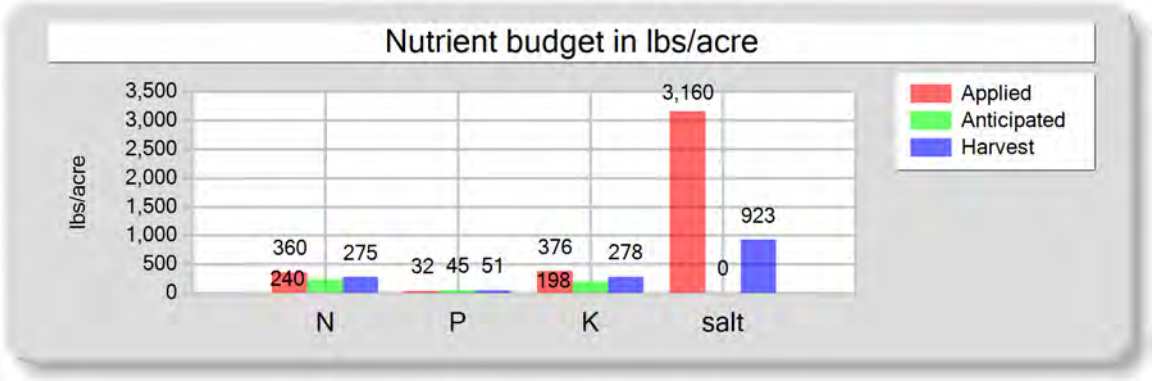

	Total N (lbs/acre)	Total P (lbs/acre)	Total K (lbs/acre)	Total salt (lbs/acre)
Existing soil nutrient content	0.00	0.00	0.00	0.00
Plowdown credit	0.00	0.00	0.00	0.00
Commercial fertilizer / Other	0.00	0.00	0.00	0.00
Dry manure	0.00	0.00	0.00	0.00
Process wastewater	352.82	32.10	375.58	2,965.57
Fresh water	0.00	0.00	0.00	194.36
Atmospheric deposition	7.00	0.00	0.00	0.00
Total nutrients applied	359.82	32.10	375.58	3,159.92
Anticipated crop nutrient removal	240.00	45.00	198.00	0.00
Actual crop nutrient removal	274.56	50.64	277.61	922.53
Nutrient balance	85.26	-18.55	97.97	2,237.39
Applied to removed ratio	1.31	0.63	1.35	3.43

Fresh water applied	
63,600,000.00	*gallons*
2,342.17	*acre-inches*
32.99	*inches/acre*

Process wastewater applied	
6,378,000.00	*gallons*
234.88	*acre-inches*
3.31	*inches/acre*

Total harvests for the crop	
1	*harvests*

PV-16 - 01/01/2015: Almond, in shell

Field name: PV-16 Crop: Almond, in shell Plant date: 01/01/2015

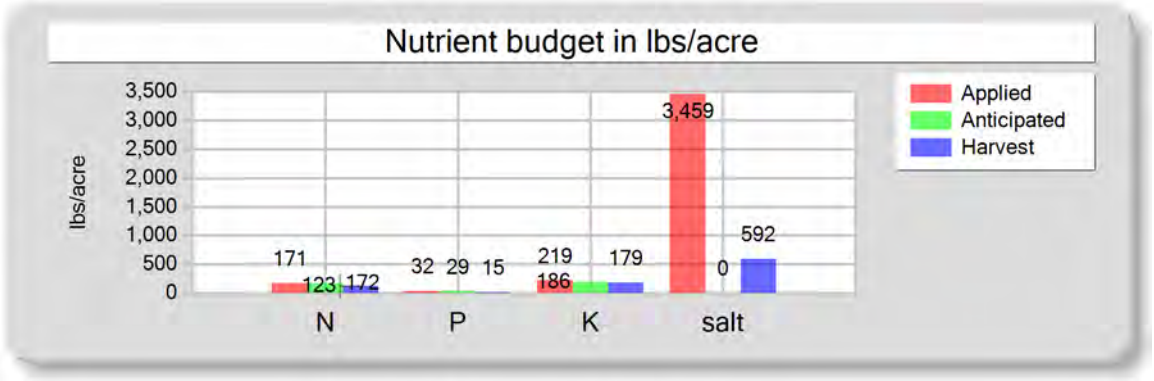

	Total N (lbs/acre)	Total P (lbs/acre)	Total K (lbs/acre)	Total salt (lbs/acre)
Existing soil nutrient content	0.00	0.00	0.00	0.00
Plowdown credit	0.00	0.00	0.00	0.00
Commercial fertilizer / Other	32.00	0.00	0.00	0.00
Dry manure	92.73	31.90	218.98	2,650.79
Process wastewater	0.00	0.00	0.00	0.00
Fresh water	32.60	0.00	0.00	807.72
Atmospheric deposition	14.00	0.00	0.00	0.00
Total nutrients applied	171.32	31.90	218.98	3,458.51
Anticipated crop nutrient removal	172.00	29.20	186.00	0.00
Actual crop nutrient removal	123.46	14.88	179.44	592.43
Nutrient balance	47.86	17.03	39.54	2,866.08
Applied to removed ratio	1.39	2.14	1.22	5.84

Fresh water applied	
47,252,520.00	*gallons*
1,740.15	*acre-inches*
28.07	*inches/acre*

Process wastewater applied	
0.00	*gallons*
0.00	*acre-inches*
0.00	*inches/acre*

Total harvests for the crop	
1	*harvests*

PV-18 - 10/30/2022: Wheat, silage, soft dough

Field name: PV-18 Crop: Wheat, silage, soft dough Plant date: 10/30/2022

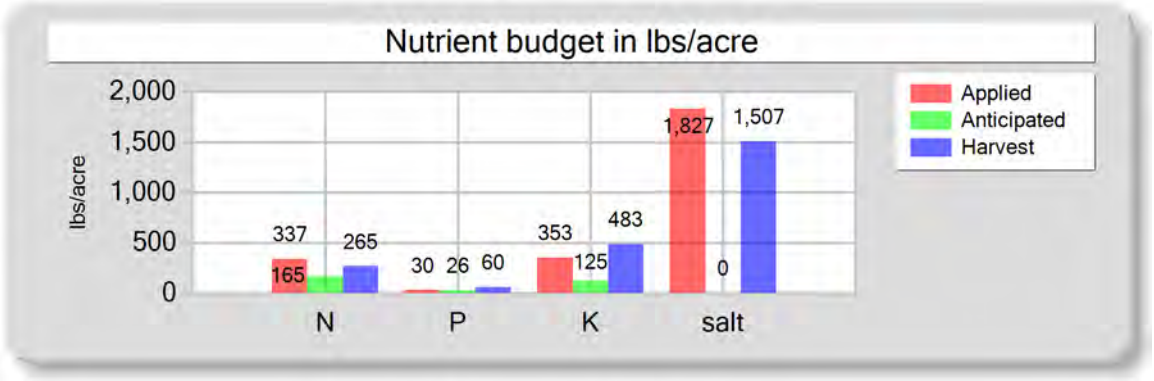

	Total N (lbs/acre)	Total P (lbs/acre)	Total K (lbs/acre)	Total salt (lbs/acre)
Existing soil nutrient content	0.00	0.00	0.00	0.00
Plowdown credit	0.00	0.00	0.00	0.00
Commercial fertilizer / Other	0.00	0.00	0.00	0.00
Dry manure	0.00	0.00	0.00	0.00
Process wastewater	329.89	29.73	352.65	1,826.86
Fresh water	0.00	0.00	0.00	0.00
Atmospheric deposition	7.00	0.00	0.00	0.00
Total nutrients applied	336.89	29.73	352.65	1,826.86
Anticipated crop nutrient removal	165.00	25.50	124.50	0.00
Actual crop nutrient removal	265.33	60.14	483.48	1,506.91
Nutrient balance	71.57	-30.41	-130.84	319.95
Applied to removed ratio	1.27	0.49	0.73	1.21

Fresh water applied
0.00 *gallons*
0.00 *acre-inches*
0.00 *inches/acre*

Process wastewater applied
2,352,000.00 *gallons*
86.62 *acre-inches*
3.33 *inches/acre*

Total harvests for the crop
1 *harvests*

PV-18 - 05/28/2023: Corn, silage

Field name: PV-18 Crop: Corn, silage Plant date: 05/28/2023

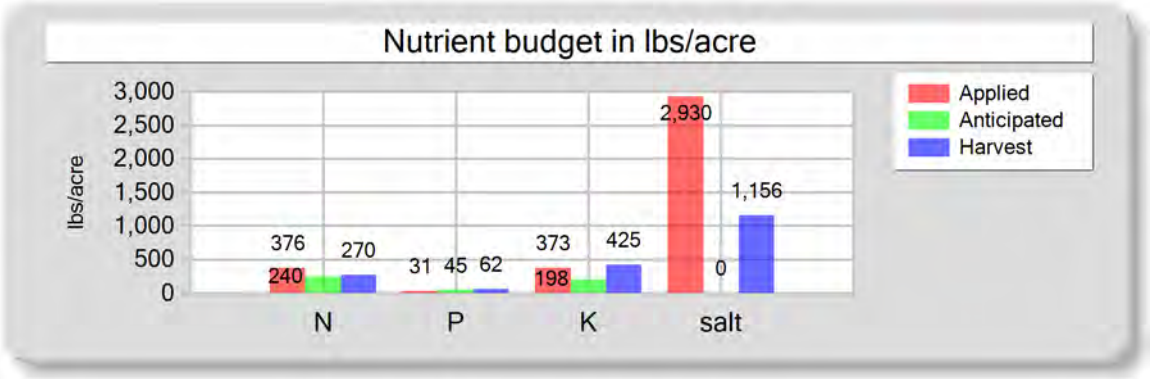

	Total N (lbs/acre)	Total P (lbs/acre)	Total K (lbs/acre)	Total salt (lbs/acre)
Existing soil nutrient content	0.00	0.00	0.00	0.00
Plowdown credit	0.00	0.00	0.00	0.00
Commercial fertilizer / Other	0.00	0.00	0.00	0.00
Dry manure	0.00	0.00	0.00	0.00
Process wastewater	369.42	30.67	372.76	2,724.66
Fresh water	0.00	0.00	0.00	205.04
Atmospheric deposition	7.00	0.00	0.00	0.00
Total nutrients applied	376.42	30.67	372.76	2,929.69
Anticipated crop nutrient removal	240.00	45.00	198.00	0.00
Actual crop nutrient removal	269.74	62.11	425.32	1,156.34
Nutrient balance	106.67	-31.44	-52.56	1,773.35
Applied to removed ratio	1.40	0.49	0.88	2.53

Fresh water applied	
24,570,000.00	*gallons*
904.83	*acre-inches*
34.80	*inches/acre*

Process wastewater applied	
2,604,000.00	*gallons*
95.90	*acre-inches*
3.69	*inches/acre*

Total harvests for the crop	
1	*harvests*

PV-23 - 01/01/2013: Almond, in shell

Field name: PV-23 Crop: Almond, in shell Plant date: 01/01/2013

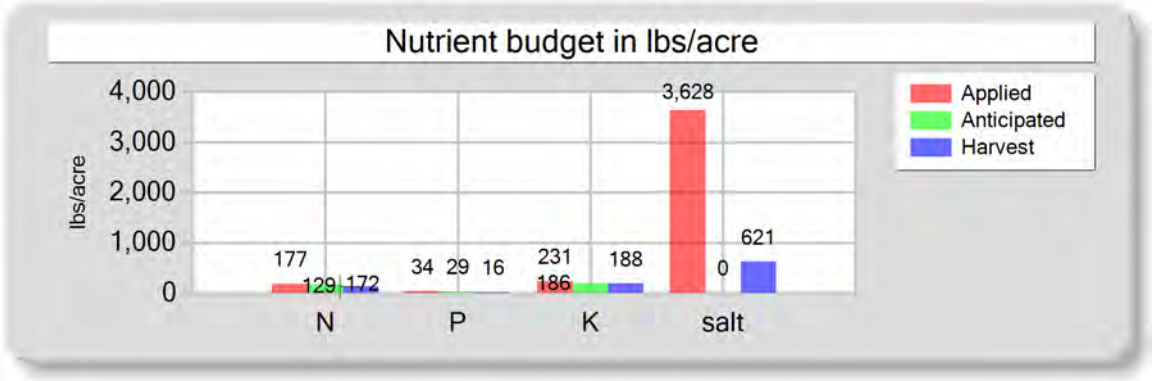

	Total N (lbs/acre)	Total P (lbs/acre)	Total K (lbs/acre)	Total salt (lbs/acre)
Existing soil nutrient content	0.00	0.00	0.00	0.00
Plowdown credit	0.00	0.00	0.00	0.00
Commercial fertilizer / Other	32.00	0.00	0.00	0.00
Dry manure	97.85	33.67	231.09	2,797.43
Process wastewater	0.00	0.00	0.00	0.00
Fresh water	33.51	0.00	0.00	830.37
Atmospheric deposition	14.00	0.00	0.00	0.00
Total nutrients applied	177.36	33.67	231.09	3,627.79
Anticipated crop nutrient removal	172.00	29.20	186.00	0.00
Actual crop nutrient removal	129.33	15.58	187.97	620.58
Nutrient balance	48.04	18.09	43.13	3,007.22
Applied to removed ratio	1.37	2.16	1.23	5.85

Fresh water applied	
36,824,640.00	*gallons*
1,356.13	*acre-inches*
28.85	*inches/acre*

Process wastewater applied	
0.00	*gallons*
0.00	*acre-inches*
0.00	*inches/acre*

Total harvests for the crop	
1	*harvests*

PV-4 - 02/01/2019: Almond, in shell

Field name: PV-4 Crop: Almond, in shell Plant date: 02/01/2019

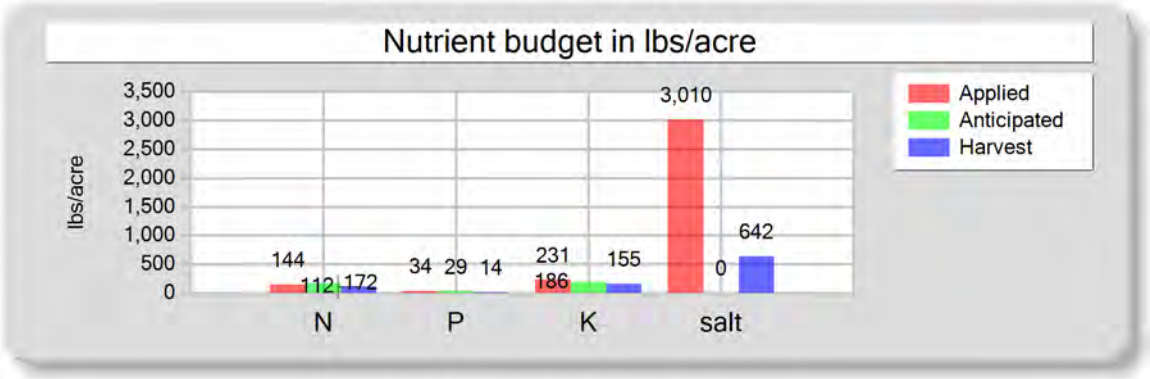

	Total N (lbs/acre)	Total P (lbs/acre)	Total K (lbs/acre)	Total salt (lbs/acre)
Existing soil nutrient content	0.00	0.00	0.00	0.00
Plowdown credit	0.00	0.00	0.00	0.00
Commercial fertilizer / Other	32.00	0.00	0.00	0.00
Dry manure	97.85	33.67	231.09	2,797.43
Process wastewater	0.00	0.00	0.00	0.00
Fresh water	0.00	0.00	0.00	212.96
Atmospheric deposition	14.00	0.00	0.00	0.00
Total nutrients applied	143.85	33.67	231.09	3,010.39
Anticipated crop nutrient removal	172.00	29.20	186.00	0.00
Actual crop nutrient removal	111.96	13.79	154.97	641.57
Nutrient balance	31.89	19.88	76.12	2,368.82
Applied to removed ratio	1.28	2.44	1.49	4.69

Fresh water applied
92,262,190.00 *gallons*
3,397.70 *acre-inches*
36.15 *inches/acre*

Process wastewater applied
0.00 *gallons*
0.00 *acre-inches*
0.00 *inches/acre*

Total harvests for the crop
1 *harvests*

PV-5 - 10/28/2022: Wheat, silage, soft dough

Field name: PV-5 Crop: Wheat, silage, soft dough Plant date: 10/28/2022

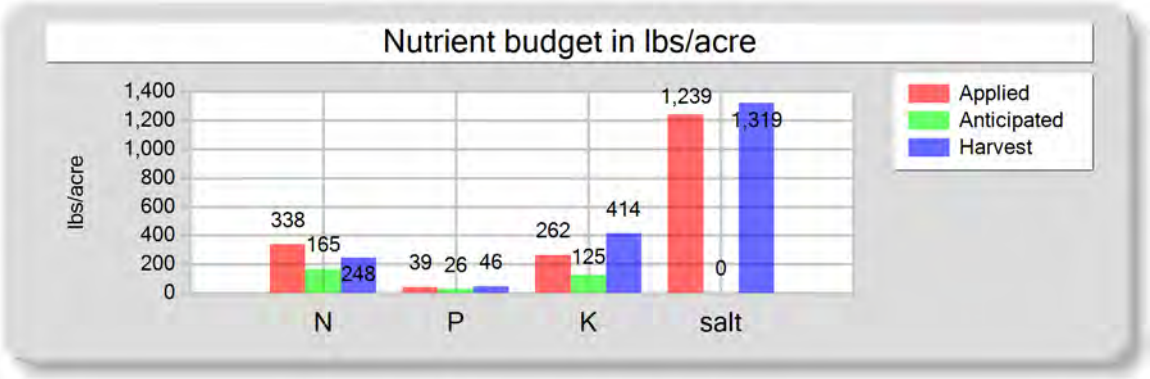

	Total N (lbs/acre)	Total P (lbs/acre)	Total K (lbs/acre)	Total salt (lbs/acre)
Existing soil nutrient content	0.00	0.00	0.00	0.00
Plowdown credit	0.00	0.00	0.00	0.00
Commercial fertilizer / Other	0.00	0.00	0.00	0.00
Dry manure	0.00	0.00	0.00	0.00
Process wastewater	330.82	39.47	262.26	1,239.15
Fresh water	0.00	0.00	0.00	0.00
Atmospheric deposition	7.00	0.00	0.00	0.00
Total nutrients applied	337.82	39.47	262.26	1,239.15
Anticipated crop nutrient removal	165.00	25.50	124.50	0.00
Actual crop nutrient removal	247.80	45.78	413.66	1,319.26
Nutrient balance	90.03	-6.31	-151.40	-80.11
Applied to removed ratio	1.36	0.86	0.63	0.94

Fresh water applied	
0.00	*gallons*
0.00	*acre-inches*
0.00	*inches/acre*

Process wastewater applied	
3,504,000.00	*gallons*
129.04	*acre-inches*
2.08	*inches/acre*

Total harvests for the crop	
1	*harvests*

PV-5 - 06/08/2023: Corn, silage

Field name: PV-5 Crop: Corn, silage Plant date: 06/08/2023

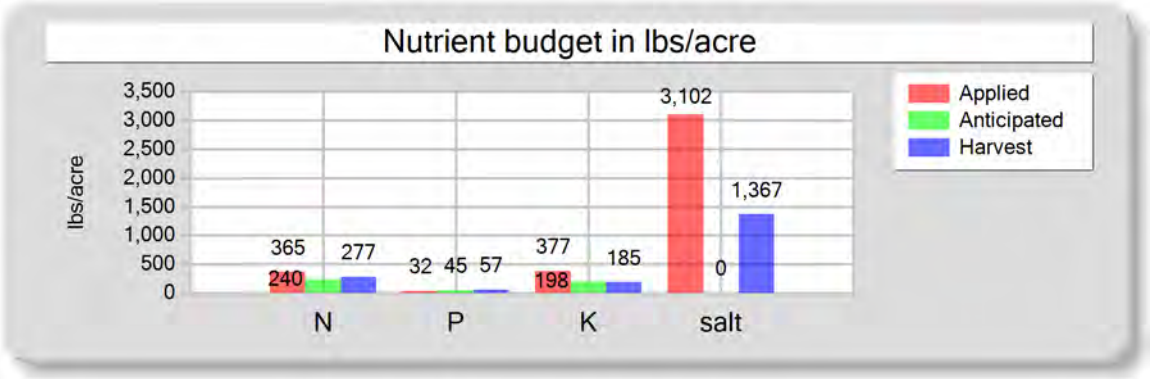

	Total N (lbs/acre)	Total P (lbs/acre)	Total K (lbs/acre)	Total salt (lbs/acre)
Existing soil nutrient content	0.00	0.00	0.00	0.00
Plowdown credit	0.00	0.00	0.00	0.00
Commercial fertilizer / Other	0.00	0.00	0.00	0.00
Dry manure	0.00	0.00	0.00	0.00
Process wastewater	358.25	32.01	377.31	2,935.99
Fresh water	0.00	0.00	0.00	165.63
Atmospheric deposition	7.00	0.00	0.00	0.00
Total nutrients applied	365.25	32.01	377.31	3,101.62
Anticipated crop nutrient removal	240.00	45.00	198.00	0.00
Actual crop nutrient removal	277.37	57.00	184.91	1,367.24
Nutrient balance	87.88	-24.99	192.40	1,734.37
Applied to removed ratio	1.32	0.56	2.04	2.27

Fresh water applied	
47,328,000.00	*gallons*
1,742.93	*acre-inches*
28.11	*inches/acre*

Process wastewater applied	
5,730,000.00	*gallons*
211.02	*acre-inches*
3.40	*inches/acre*

Total harvests for the crop	
1	*harvests*

PV-6 - 10/28/2022: Wheat, silage, soft dough

Field name: PV-6 Crop: Wheat, silage, soft dough Plant date: 10/28/2022

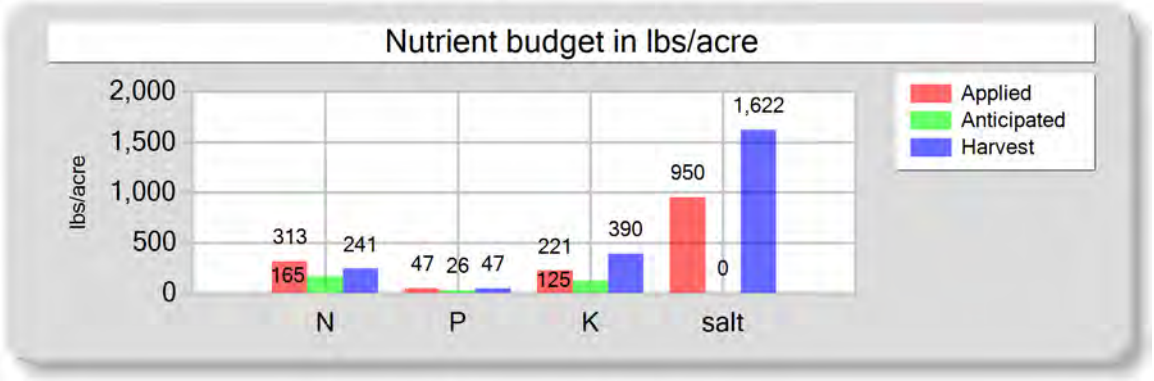

	Total N (lbs/acre)	Total P (lbs/acre)	Total K (lbs/acre)	Total salt (lbs/acre)
Existing soil nutrient content	0.00	0.00	0.00	0.00
Plowdown credit	0.00	0.00	0.00	0.00
Commercial fertilizer / Other	0.00	0.00	0.00	0.00
Dry manure	0.00	0.00	0.00	0.00
Process wastewater	305.91	46.99	221.46	949.90
Fresh water	0.00	0.00	0.00	0.00
Atmospheric deposition	7.00	0.00	0.00	0.00
Total nutrients applied	312.91	46.99	221.46	949.90
Anticipated crop nutrient removal	165.00	25.50	124.50	0.00
Actual crop nutrient removal	240.50	47.13	390.26	1,621.92
Nutrient balance	72.41	-0.14	-168.80	-672.02
Applied to removed ratio	1.30	1.00	0.57	0.59

Fresh water applied	
0.00	*gallons*
0.00	*acre-inches*
0.00	*inches/acre*

Process wastewater applied	
1,704,000.00	*gallons*
62.75	*acre-inches*
1.49	*inches/acre*

Total harvests for the crop	
1	*harvests*

PV-6 - 06/06/2023: Corn, silage

Field name: PV-6 Crop: Corn, silage Plant date: 06/06/2023

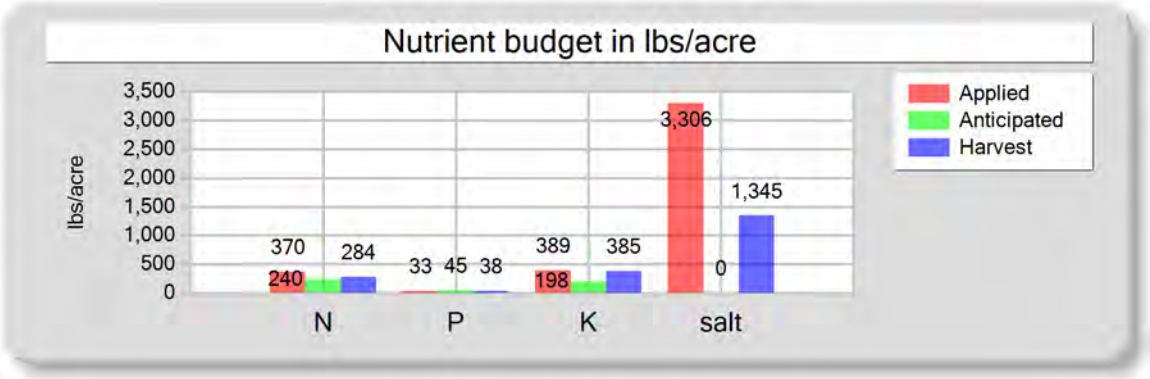

	Total N (lbs/acre)	Total P (lbs/acre)	Total K (lbs/acre)	Total salt (lbs/acre)
Existing soil nutrient content	0.00	0.00	0.00	0.00
Plowdown credit	0.00	0.00	0.00	0.00
Commercial fertilizer / Other	0.00	0.00	0.00	0.00
Dry manure	0.00	0.00	0.00	0.00
Process wastewater	362.87	33.47	389.50	3,109.87
Fresh water	0.00	0.00	0.00	195.74
Atmospheric deposition	7.00	0.00	0.00	0.00
Total nutrients applied	369.87	33.47	389.50	3,305.61
Anticipated crop nutrient removal	240.00	45.00	198.00	0.00
Actual crop nutrient removal	283.95	38.11	384.95	1,344.67
Nutrient balance	85.92	-4.64	4.54	1,960.94
Applied to removed ratio	1.30	0.88	1.01	2.46

Fresh water applied	
37,890,000.00	*gallons*
1,395.36	*acre-inches*
33.22	*inches/acre*

Process wastewater applied	
3,840,000.00	*gallons*
141.41	*acre-inches*
3.37	*inches/acre*

Total harvests for the crop	
1	*harvests*

PV-7 - 10/28/2022: Wheat, silage, soft dough

Field name: PV-7 Crop: Wheat, silage, soft dough Plant date: 10/28/2022

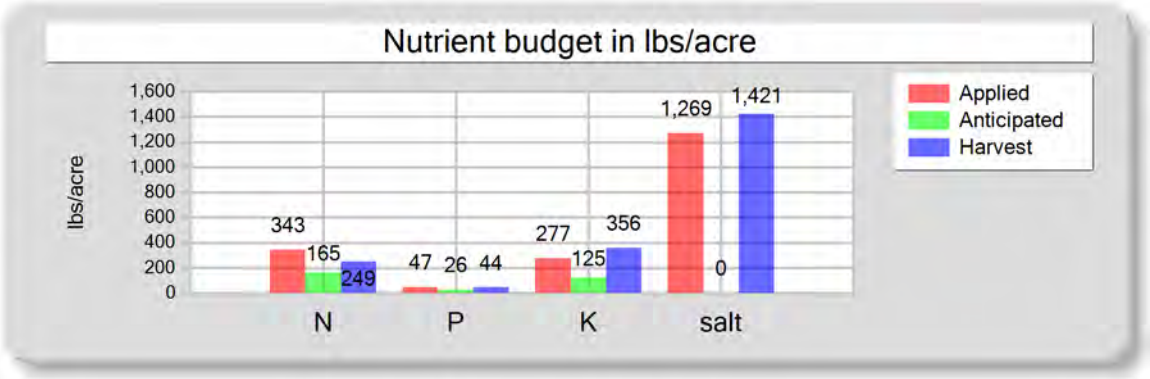

	Total N (lbs/acre)	Total P (lbs/acre)	Total K (lbs/acre)	Total salt (lbs/acre)
Existing soil nutrient content	0.00	0.00	0.00	0.00
Plowdown credit	0.00	0.00	0.00	0.00
Commercial fertilizer / Other	0.00	0.00	0.00	0.00
Dry manure	0.00	0.00	0.00	0.00
Process wastewater	336.08	47.29	277.18	1,268.80
Fresh water	0.00	0.00	0.00	0.00
Atmospheric deposition	7.00	0.00	0.00	0.00
Total nutrients applied	343.08	47.29	277.18	1,268.80
Anticipated crop nutrient removal	165.00	25.50	124.50	0.00
Actual crop nutrient removal	249.34	43.72	356.27	1,421.13
Nutrient balance	93.73	3.57	-79.09	-152.33
Applied to removed ratio	1.38	1.08	0.78	0.89

Fresh water applied
0.00 *gallons*
0.00 *acre-inches*
0.00 *inches/acre*

Process wastewater applied
2,592,000.00 *gallons*
95.45 *acre-inches*
2.12 *inches/acre*

Total harvests for the crop
1 *harvests*

PV-7 - 06/05/2023: Corn, silage

Field name: PV-7 Crop: Corn, silage Plant date: 06/05/2023

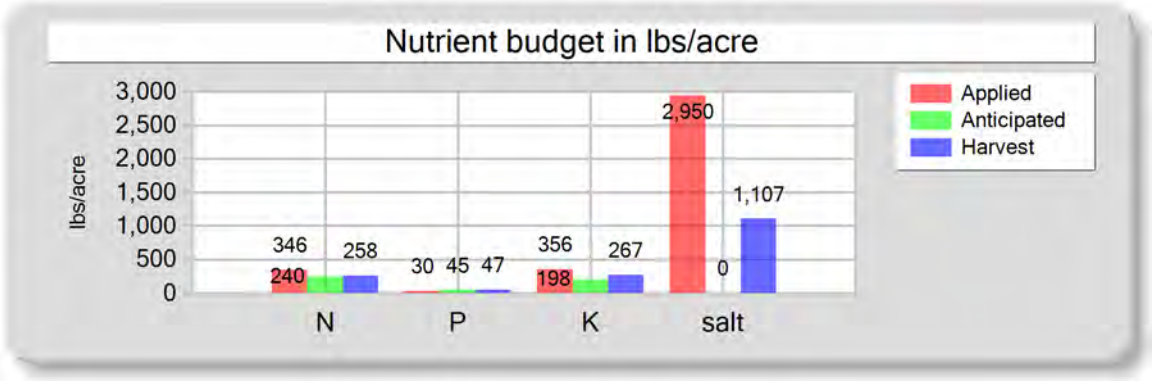

	Total N (lbs/acre)	Total P (lbs/acre)	Total K (lbs/acre)	Total salt (lbs/acre)
Existing soil nutrient content	0.00	0.00	0.00	0.00
Plowdown credit	0.00	0.00	0.00	0.00
Commercial fertilizer / Other	0.00	0.00	0.00	0.00
Dry manure	0.00	0.00	0.00	0.00
Process wastewater	339.05	30.10	355.74	2,753.56
Fresh water	0.00	0.00	0.00	196.31
Atmospheric deposition	7.00	0.00	0.00	0.00
Total nutrients applied	346.05	30.10	355.74	2,949.88
Anticipated crop nutrient removal	240.00	45.00	198.00	0.00
Actual crop nutrient removal	258.24	46.63	266.61	1,106.67
Nutrient balance	87.81	-16.53	89.13	1,843.21
Applied to removed ratio	1.34	0.65	1.33	2.67

Fresh water applied	
40,716,000.00	*gallons*
1,499.43	*acre-inches*
33.32	*inches/acre*

Process wastewater applied	
3,954,000.00	*gallons*
145.61	*acre-inches*
3.24	*inches/acre*

Total harvests for the crop	
1	*harvests*

PV-8 - 01/01/2014: Almond, in shell

Field name: PV-8 Crop: Almond, in shell Plant date: 01/01/2014

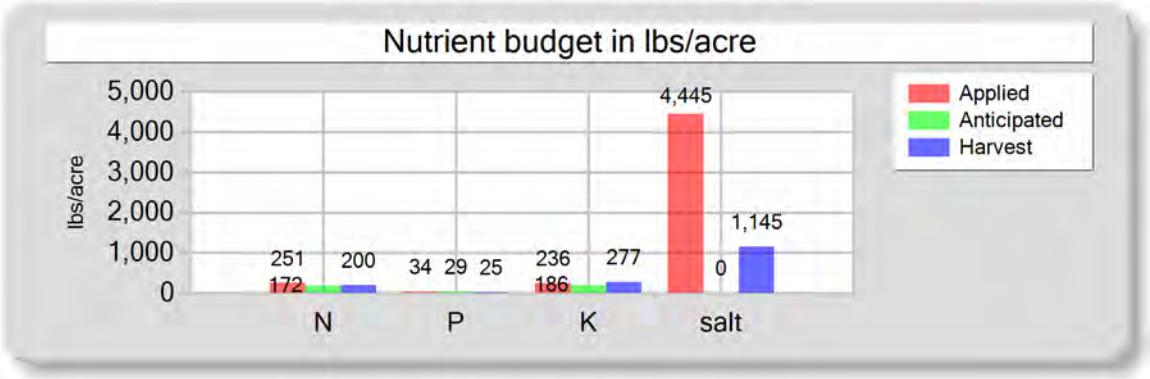

	Total N (lbs/acre)	Total P (lbs/acre)	Total K (lbs/acre)	Total salt (lbs/acre)
Existing soil nutrient content	0.00	0.00	0.00	0.00
Plowdown credit	0.00	0.00	0.00	0.00
Commercial fertilizer / Other	32.00	0.00	0.00	0.00
Dry manure	99.98	34.40	236.12	2,858.24
Process wastewater	0.00	0.00	0.00	0.00
Fresh water	104.92	0.00	0.00	1,586.65
Atmospheric deposition	14.00	0.00	0.00	0.00
Total nutrients applied	250.90	34.40	236.12	4,444.89
Anticipated crop nutrient removal	172.00	29.20	186.00	0.00
Actual crop nutrient removal	199.88	24.62	276.66	1,145.35
Nutrient balance	51.02	9.78	-40.55	3,299.54
Applied to removed ratio	1.26	1.40	0.85	3.88

Fresh water applied	
20,292,520.00	*gallons*
747.30	*acre-inches*
32.49	*inches/acre*

Process wastewater applied	
0.00	*gallons*
0.00	*acre-inches*
0.00	*inches/acre*

Total harvests for the crop	
1	*harvests*

PV-9 - 10/29/2022: Wheat, silage, soft dough

Field name: PV-9 Crop: Wheat, silage, soft dough Plant date: 10/29/2022

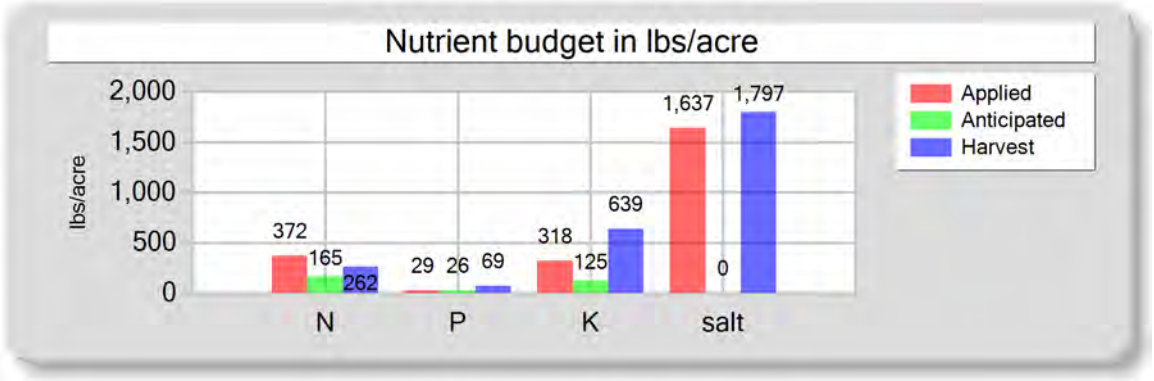

	Total N (lbs/acre)	Total P (lbs/acre)	Total K (lbs/acre)	Total salt (lbs/acre)
Existing soil nutrient content	0.00	0.00	0.00	0.00
Plowdown credit	0.00	0.00	0.00	0.00
Commercial fertilizer / Other	0.00	0.00	0.00	0.00
Dry manure	0.00	0.00	0.00	0.00
Process wastewater	364.70	29.01	318.21	1,636.90
Fresh water	0.00	0.00	0.00	0.00
Atmospheric deposition	7.00	0.00	0.00	0.00
Total nutrients applied	371.70	29.01	318.21	1,636.90
Anticipated crop nutrient removal	165.00	25.50	124.50	0.00
Actual crop nutrient removal	262.49	69.15	639.49	1,797.03
Nutrient balance	109.21	-40.15	-321.27	-160.13
Applied to removed ratio	1.42	0.42	0.50	0.91

Fresh water applied	
0.00	*gallons*
0.00	*acre-inches*
0.00	*inches/acre*

Process wastewater applied	
3,060,000.00	*gallons*
112.69	*acre-inches*
2.89	*inches/acre*

Total harvests for the crop	
1	*harvests*

PV-9 - 05/03/2023: Corn, silage

Field name: PV-9 Crop: Corn, silage Plant date: 05/03/2023

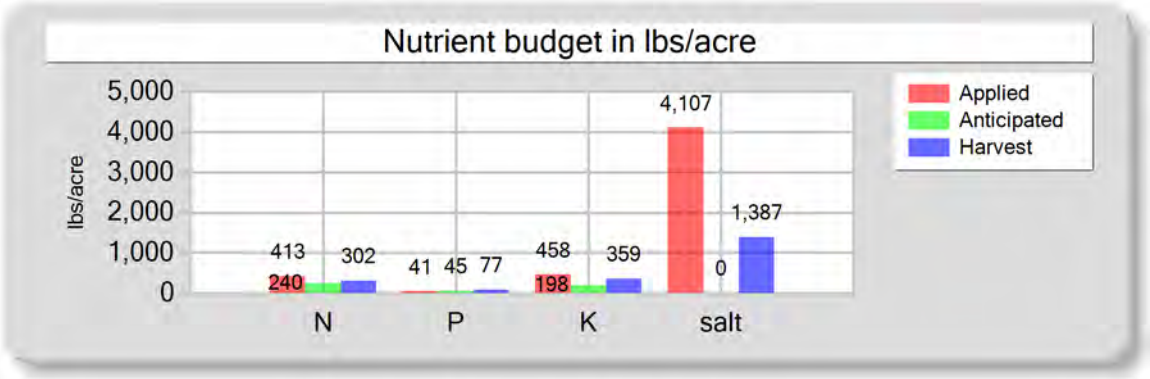

	Total N (lbs/acre)	Total P (lbs/acre)	Total K (lbs/acre)	Total salt (lbs/acre)
Existing soil nutrient content	0.00	0.00	0.00	0.00
Plowdown credit	0.00	0.00	0.00	0.00
Commercial fertilizer / Other	0.00	0.00	0.00	0.00
Dry manure	0.00	0.00	0.00	0.00
Process wastewater	406.16	40.66	458.28	3,895.34
Fresh water	0.00	0.00	0.00	211.96
Atmospheric deposition	7.00	0.00	0.00	0.00
Total nutrients applied	413.16	40.66	458.28	4,107.31
Anticipated crop nutrient removal	240.00	45.00	198.00	0.00
Actual crop nutrient removal	302.20	77.02	358.90	1,386.90
Nutrient balance	110.96	-36.36	99.39	2,720.41
Applied to removed ratio	1.37	0.53	1.28	2.96

Fresh water applied	
38,100,000.00	*gallons*
1,403.09	*acre-inches*
35.98	*inches/acre*

Process wastewater applied	
3,732,000.00	*gallons*
137.44	*acre-inches*
3.52	*inches/acre*

Total harvests for the crop	
1	*harvests*

NUTRIENT ANALYSES

A. MANURE ANALYSES

Corral Manure

Sample and source description: Corral Manure

Sample date: 10/13/2022 Material type: Corral solids Source of analysis: Lab analysis Method of reporting: Dry-weight

Moisture: 18.8 %

	Total N (mg/kg)	Total P (mg/kg)	Total K (mg/kg)	Calcium (mg/kg)	Magnesium (mg/kg)	Sodium (mg/kg)	Sulfur (mg/kg)	Chloride (mg/kg)	Total salt (mg/kg)	TFS (%)
Value	17,700.00	6,090.00	41,800.00	0.00	0.00	0.00	0.00	0.00		50.60
DL	100.00	100.00	100.00	100.00	100.00	100.00	100.00	50.00		0.01

Corral Solids

Sample and source description: Corral Solids

Sample date: 05/18/2023 Material type: Corral solids Source of analysis: Lab analysis Method of reporting: Dry-weight

Moisture: 14.0 %

	Total N (mg/kg)	Total P (mg/kg)	Total K (mg/kg)	Calcium (mg/kg)	Magnesium (mg/kg)	Sodium (mg/kg)	Sulfur (mg/kg)	Chloride (mg/kg)	Total salt (mg/kg)	TFS (%)
Value	12,000.00	6,050.00	32,000.00	0.00	0.00	0.00	0.00	0.00		70.30
DL	100.00	100.00	100.00	100.00	100.00	100.00	100.00	50.00		0.01

Separator Solids

Sample and source description: Separator Solids

Sample date: 05/18/2023 Material type: Separator solids Source of analysis: Lab analysis Method of reporting: Dry-weight

Moisture: 76.2 %

	Total N (mg/kg)	Total P (mg/kg)	Total K (mg/kg)	Calcium (mg/kg)	Magnesium (mg/kg)	Sodium (mg/kg)	Sulfur (mg/kg)	Chloride (mg/kg)	Total salt (mg/kg)	TFS (%)
Value	17,600.00	4,240.00	8,870.00	0.00	0.00	0.00	0.00	0.00		20.80
DL	100.00	100.00	100.00	100.00	100.00	100.00	100.00	50.00		0.01

Corral Solids

Sample and source description: Corral Solids

Sample date: 10/12/2023 Material type: Corral solids Source of analysis: Lab analysis Method of reporting: Dry-weight

Moisture: 37.8 %

	Total N (mg/kg)	Total P (mg/kg)	Total K (mg/kg)	Calcium (mg/kg)	Magnesium (mg/kg)	Sodium (mg/kg)	Sulfur (mg/kg)	Chloride (mg/kg)	Total salt (mg/kg)	TFS (%)
Value	17,100.00	6,600.00	31,700.00	0.00	0.00	0.00	0.00	0.00		39.00
DL	100.00	100.00	100.00	100.00	100.00	100.00	100.00	50.00		0.01

Separator Solids

Sample and source description: Separator Solids

Sample date: 10/12/2023 Material type: Separator solids Source of analysis: Lab analysis Method of reporting: Dry-weight

Moisture: 73.7 %

	Total N (mg/kg)	Total P (mg/kg)	Total K (mg/kg)	Calcium (mg/kg)	Magnesium (mg/kg)	Sodium (mg/kg)	Sulfur (mg/kg)	Chloride (mg/kg)	Total salt (mg/kg)	TFS (%)
Value	22,900.00	3,360.00	10,500.00	0.00	0.00	0.00	0.00	0.00		13.50
DL	100.00	100.00	100.00	100.00	100.00	100.00	100.00	50.00		0.01

B. PROCESS WASTEWATER ANALYSES

WWQ3

Sample and source description: WWQ3

Sample date: 08/04/2022 Material type: Process wastewater Source of analysis: Lab analysis pH: 0.00

	Kjeldahl-N (mg/L)	NH4-N (mg/L)	NH3-N (mg/L)	Nitrate-N (mg/L)	Total P (mg/L)	Total K (mg/L)	Calcium (mg/L)	Magnes. (mg/L)	Sodium (mg/L)	Bicarb. (mg/L)	Carb. (mg/L)	Sulfate (mg/L)	Chloride (mg/L)	EC (µmhos/cm)	TDS (mg/L)
Value	347.00	114.00	0.00	0.00	35.70	453.00	0.00	0.00	0.00	0.00	0.00	0.00	0.00	4,830.00	2,360
DL	0.50	0.50	0.50	0.50	0.50	0.50	0.50	0.50	0.50	0.50	2.00	1.00	0.10	1.00	10

WWQ4

Sample and source description: WWQ4

Sample date: 10/20/2022 Material type: Process wastewater Source of analysis: Lab analysis pH: 0.00

	Kjeldahl-N (mg/L)	NH4-N (mg/L)	NH3-N (mg/L)	Nitrate-N (mg/L)	Total P (mg/L)	Total K (mg/L)	Calcium (mg/L)	Magnes. (mg/L)	Sodium (mg/L)	Bicarb. (mg/L)	Carb. (mg/L)	Sulfate (mg/L)	Chloride (mg/L)	EC (µmhos/cm)	TDS (mg/L)
Value	557.00	311.00	0.00	0.00	44.30	486.00	0.00	0.00	0.00	0.00	0.00	0.00	0.00	5,290.00	2,500
DL	0.50	0.50	0.50	0.50	0.50	0.50	0.50	0.50	0.50	0.50	2.00	1.00	0.10	1.00	10

WWQ1

Sample and source description: WWQ1

Sample date: 01/19/2023 Material type: Process wastewater Source of analysis: Lab analysis pH: 0.00

	Kjeldahl-N (mg/L)	NH4-N (mg/L)	NH3-N (mg/L)	Nitrate-N (mg/L)	Total P (mg/L)	Total K (mg/L)	Calcium (mg/L)	Magnes. (mg/L)	Sodium (mg/L)	Bicarb. (mg/L)	Carb. (mg/L)	Sulfate (mg/L)	Chloride (mg/L)	EC (µmhos/cm)	TDS (mg/L)
Value	1,260.00	308.00	0.00	0.00	236.00	827.00	0.00	0.00	0.00	0.00	0.00	0.00	0.00	5,700.00	3,120
DL	0.50	0.50	0.50	0.50	0.50	0.50	0.50	0.50	0.50	0.50	2.00	1.00	0.10	1.00	10

WWQ2

Sample and source description: WWQ2

Sample date: 06/01/2023 Material type: Process wastewater Source of analysis: Lab analysis pH: 0.00

	Kjeldahl-N (mg/L)	NH4-N (mg/L)	NH3-N (mg/L)	Nitrate-N (mg/L)	Total P (mg/L)	Total K (mg/L)	Calcium (mg/L)	Magnes. (mg/L)	Sodium (mg/L)	Bicarb. (mg/L)	Carb. (mg/L)	Sulfate (mg/L)	Chloride (mg/L)	EC (µmhos/cm)	TDS (mg/L)
Value	554.00	406.00	0.00	0.00	60.60	661.00	163.00	121.00	213.00	3,320.00	0.00	258.00	269.00	6,940.00	5,980
DL	0.50	0.50	0.50	0.50	0.50	0.50	0.50	0.50	0.50	0.50	2.00	1.00	0.10	1.00	10

WWQ3

Sample and source description: WWQ3

Sample date: 07/28/2023 Material type: Process wastewater Source of analysis: Lab analysis pH: 0.00

	Kjeldahl-N (mg/L)	NH4-N (mg/L)	NH3-N (mg/L)	Nitrate-N (mg/L)	Total P (mg/L)	Total K (mg/L)	Calcium (mg/L)	Magnes. (mg/L)	Sodium (mg/L)	Bicarb. (mg/L)	Carb. (mg/L)	Sulfate (mg/L)	Chloride (mg/L)	EC (µmhos/cm)	TDS (mg/L)
Value	442.00	283.00	0.00	0.00	36.70	446.00	0.00	0.00	0.00	0.00	0.00	0.00	0.00	4,430.00	3,260
DL	0.50	0.50	0.50	0.50	0.50	0.50	0.50	0.50	0.50	0.50	2.00	1.00	0.10	1.00	10

WWQ4

Sample and source description: WWQ4

Sample date: 10/30/2023 Material type: Process wastewater Source of analysis: Lab analysis pH: 0.00

	Kjeldahl-N (mg/L)	NH4-N (mg/L)	NH3-N (mg/L)	Nitrate-N (mg/L)	Total P (mg/L)	Total K (mg/L)	Calcium (mg/L)	Magnes. (mg/L)	Sodium (mg/L)	Bicarb. (mg/L)	Carb. (mg/L)	Sulfate (mg/L)	Chloride (mg/L)	EC (µmhos/cm)	TDS (mg/L)
Value	532.00	333.00	0.00	0.00	28.70	583.00	0.00	0.00	0.00	0.00	0.00	0.00	0.00	6,120.00	6,080
DL	0.50	0.50	0.50	0.50	0.50	0.50	0.50	0.50	0.50	0.50	2.00	1.00	0.10	1.00	10

C. FRESH WATER ANALYSES

IW - Field 1

IW Field 1

Sample description: IW Field 1

Sample date: 08/17/2023 Source of analysis: Lab analysis

	Total N (mg/L)	NH4-N (mg/L)	Nitrate-N (mg/L)	Calcium (mg/L)	Magnesium (mg/L)	Sodium (mg/L)	Bicarbonate (mg/L)	Carbonate (mg/L)	Sulfate (mg/L)	Chloride (mg/L)	EC (µmhos/cm)	TDS (mg/L)
Value	28.50	0.00	28.50								591.00	405
DL	1.00	0.50	0.10								10.00	10

IW Field 10

IW Field 10

Sample description: IW Field 10

Sample date: 08/17/2023 Source of analysis: Lab analysis

	Total N (mg/L)	NH4-N (mg/L)	Nitrate-N (mg/L)	Calcium (mg/L)	Magnesium (mg/L)	Sodium (mg/L)	Bicarbonate (mg/L)	Carbonate (mg/L)	Sulfate (mg/L)	Chloride (mg/L)	EC (µmhos/cm)	TDS (mg/L)
Value	24.80	0.00	19.80								585.00	405
DL	1.00	0.50	0.10								10.00	10

IW Field 15

IW Field 15

IW Field 15

Sample description: IW Field 15

Sample date: 08/17/2023 Source of analysis: Lab analysis

	Total N (mg/L)	NH4-N (mg/L)	Nitrate-N (mg/L)	Calcium (mg/L)	Magnesium (mg/L)	Sodium (mg/L)	Bicarbonate (mg/L)	Carbonate (mg/L)	Sulfate (mg/L)	Chloride (mg/L)	EC (µmhos/cm)	TDS (mg/L)
Value	31.40	0.00	31.40								658.00	490
DL	1.00	0.50	0.10								10.00	10

IW Field 19

IW Field 19

Sample description: IW Field 19

Sample date: 08/17/2023 Source of analysis: Lab analysis

	Total N (mg/L)	NH4-N (mg/L)	Nitrate-N (mg/L)	Calcium (mg/L)	Magnesium (mg/L)	Sodium (mg/L)	Bicarbonate (mg/L)	Carbonate (mg/L)	Sulfate (mg/L)	Chloride (mg/L)	EC (µmhos/cm)	TDS (mg/L)
Value	52.00	0.00	52.00								958.00	680
DL	1.00	0.50	0.10								10.00	10

IW Field 23

IW Field 23

Sample description: IW Field 23

Sample date: 08/17/2023 Source of analysis: Lab analysis

	Total N (mg/L)	NH4-N (mg/L)	Nitrate-N (mg/L)	Calcium (mg/L)	Magnesium (mg/L)	Sodium (mg/L)	Bicarbonate (mg/L)	Carbonate (mg/L)	Sulfate (mg/L)	Chloride (mg/L)	EC (µmhos/cm)	TDS (mg/L)
Value	20.50	0.00	20.50								619.00	430
DL	1.00	0.50	0.10								10.00	10

Merced River

Merced River

Merced River

Sample description: Merced River

Sample date: 08/24/2023 Source of analysis: Lab analysis

	Total N (mg/L)	NH4-N (mg/L)	Nitrate-N (mg/L)	Calcium (mg/L)	Magnesium (mg/L)	Sodium (mg/L)	Bicarbonate (mg/L)	Carbonate (mg/L)	Sulfate (mg/L)	Chloride (mg/L)	EC (µmhos/cm)	TDS (mg/L)
Value	0.00	0.00	0.00								30.90	26
DL	1.00	0.50	0.10								10.00	10

TID Highline

TID Highline

Sample description: TID Highline

Sample date: 07/25/2023 Source of analysis: Lab analysis

	Total N (mg/L)	NH4-N (mg/L)	Nitrate-N (mg/L)	Calcium (mg/L)	Magnesium (mg/L)	Sodium (mg/L)	Bicarbonate (mg/L)	Carbonate (mg/L)	Sulfate (mg/L)	Chloride (mg/L)	EC (µmhos/cm)	TDS (mg/L)
Value	0.00	0.00	0.00								30.20	33
DL	1.00	0.50	0.10								10.00	10

D. SOIL ANALYSES

PV-10

Soil

Sample and source description: Soil

Sample date: 06/01/2023 Source of analysis: Lab analysis

	Nitrate-N (mg/kg)	Total P (mg/kg)	Soluble P (mg/kg)	K (mg/kg)	EC (µmhos/cm)	Organic matter (%)	Total salt (mg/kg)
Value			209.00				
DL			2.00				

PV-13

Soil

Sample and source description: Soil

Sample date: 05/25/2023 Source of analysis: Lab analysis

	Nitrate-N (mg/kg)	Total P (mg/kg)	Soluble P (mg/kg)	K (mg/kg)	EC (µmhos/cm)	Organic matter (%)	Total salt (mg/kg)
Value			148.00				
DL			2.00				

PV-18

Soil

Sample and source description: Soil

Sample date: 05/25/2023 Source of analysis: Lab analysis

	Nitrate-N (mg/kg)	Total P (mg/kg)	Soluble P (mg/kg)	K (mg/kg)	EC (µmhos/cm)	Organic matter (%)	Total salt (mg/kg)
Value			148.00				
DL			2.00				

PV-3

Soil

Sample and source description: Soil

Sample date: 05/25/2023 Source of analysis: Lab analysis

	Nitrate-N (mg/kg)	Total P (mg/kg)	Soluble P (mg/kg)	K (mg/kg)	EC (µmhos/cm)	Organic matter (%)	Total salt (mg/kg)
Value			40.70				
DL			2.00				

PV-5

PV-5

Soil

Sample and source description: Soil

Sample date: 06/01/2023 Source of analysis: Lab analysis

	Nitrate-N (mg/kg)	Total P (mg/kg)	Soluble P (mg/kg)	K (mg/kg)	EC (µmhos/cm)	Organic matter (%)	Total salt (mg/kg)
Value			81.50				
DL			2.00				

PV-6

Soil

Sample and source description: Soil

Sample date: 06/01/2023 Source of analysis: Lab analysis

	Nitrate-N (mg/kg)	Total P (mg/kg)	Soluble P (mg/kg)	K (mg/kg)	EC (µmhos/cm)	Organic matter (%)	Total salt (mg/kg)
Value			136.00				
DL			2.00				

PV-7

Soil

Sample and source description: Soil

Sample date: 05/25/2023 Source of analysis: Lab analysis

	Nitrate-N (mg/kg)	Total P (mg/kg)	Soluble P (mg/kg)	K (mg/kg)	EC (µmhos/cm)	Organic matter (%)	Total salt (mg/kg)
Value			52.70				
DL			2.00				

PV-9

PV-9

Soil

Sample and source description: Soil

Sample date: 05/25/2023 Source of analysis: Lab analysis

	Nitrate-N (mg/kg)	Total P (mg/kg)	Soluble P (mg/kg)	K (mg/kg)	EC (µmhos/cm)	Organic matter (%)	Total salt (mg/kg)
Value			157.00				
DL			2.00				

E. PLANT TISSUE ANALYSES

Jacobs - 04/01/2022: Almond, in shell

Almonds - Non Bearing

Sample and source description: Almonds - Non Bearing

Sample date: 12/31/2023 Source of analysis: Lab analysis Method of reporting: As-is

Moisture: 0.1 %

	Total N (mg/kg)	Total P (mg/kg)	Total K (mg/kg)	Total salt (mg/kg)	TFS (%)
Value	0.00	0.00	0.00		0.00
DL	100.00	100.00	100.00		0.01

PV-1 - 01/01/2007: Almond, in shell

Almonds

Sample and source description: Almonds

Sample date: 10/09/2023 Source of analysis: Lab analysis Method of reporting: As-is

Moisture: 10.8 %

	Total N (mg/kg)	Total P (mg/kg)	Total K (mg/kg)	Total salt (mg/kg)	TFS (%)
Value	15,100.00	1,860.00	20,900.00		9.70
DL	100.00	100.00	100.00		0.01

PV-10 - 10/29/2022: Wheat, silage, soft dough

Wheat

Sample and source description: Wheat

Sample date: 05/01/2023 Source of analysis: Lab analysis Method of reporting: As-is

Moisture: 67.8 %

	Total N (mg/kg)	Total P (mg/kg)	Total K (mg/kg)	Total salt (mg/kg)	TFS (%)
Value	5,780.00	900.00	7,260.00		6.94
DL	100.00	100.00	100.00		0.01

PV-10 - 06/06/2023: Corn, silage

Corn Silage

Sample and source description: Corn Silage

Sample date: 10/06/2023 Source of analysis: Lab analysis Method of reporting: As-is

Moisture: 71.1 %

	Total N (mg/kg)	Total P (mg/kg)	Total K (mg/kg)	Total salt (mg/kg)	TFS (%)
Value	4,070.00	870.00	5,410.00		6.40
DL	100.00	100.00	100.00		0.01

Corn Silage

Sample and source description: Corn Silage

Sample date: 10/06/2023 Source of analysis: Lab analysis Method of reporting: As-is

Moisture: 72.3 %

	Total N (mg/kg)	Total P (mg/kg)	Total K (mg/kg)	Total salt (mg/kg)	TFS (%)
Value	4,400.00	850.00	5,150.00		7.40
DL	100.00	100.00	100.00		0.01

PV-11 - 02/13/2023: Almond, in shell

PV-11 - 02/13/2023: Almond, in shell

Almonds - Non Bearing

Sample and source description: Almonds - Non Bearing

Sample date: 12/31/2023 Source of analysis: Lab analysis Method of reporting: As-is

Moisture: 0.1 %

	Total N (mg/kg)	Total P (mg/kg)	Total K (mg/kg)	Total salt (mg/kg)	TFS (%)
Value	0.00	0.00	0.00		0.00
DL	100.00	100.00	100.00		0.01

PV-13 - 10/30/2022: Wheat, silage, soft dough

Wheat

Sample and source description: Wheat

Sample date: 05/01/2023 Source of analysis: Lab analysis Method of reporting: As-is

Moisture: 62.3 %

	Total N (mg/kg)	Total P (mg/kg)	Total K (mg/kg)	Total salt (mg/kg)	TFS (%)
Value	5,660.00	1,260.00	10,300.00		6.99
DL	100.00	100.00	100.00		0.01

Wheat

Sample and source description: Wheat

Sample date: 05/01/2023 Source of analysis: Lab analysis Method of reporting: As-is

Moisture: 63.9 %

	Total N (mg/kg)	Total P (mg/kg)	Total K (mg/kg)	Total salt (mg/kg)	TFS (%)
Value	6,170.00	1,230.00	9,600.00		9.52
DL	100.00	100.00	100.00		0.01

PV-13 - 10/30/2022: Wheat, silage, soft dough

Wheat

Sample and source description: Wheat

Sample date: 05/01/2023 Source of analysis: Lab analysis Method of reporting: As-is

Moisture: 56.1 %

	Total N (mg/kg)	Total P (mg/kg)	Total K (mg/kg)	Total salt (mg/kg)	TFS (%)
Value	7,420.00	1,400.00	11,300.00		8.17
DL	100.00	100.00	100.00		0.01

Wheat

Sample and source description: Wheat

Sample date: 05/01/2023 Source of analysis: Lab analysis Method of reporting: As-is

Moisture: 61.8 %

	Total N (mg/kg)	Total P (mg/kg)	Total K (mg/kg)	Total salt (mg/kg)	TFS (%)
Value	5,610.00	1,280.00	7,980.00		8.00
DL	100.00	100.00	100.00		0.01

PV-13 - 05/26/2023: Corn, silage

Corn Silage

Sample and source description: Corn Silage

Sample date: 09/20/2023 Source of analysis: Lab analysis Method of reporting: As-is

Moisture: 69.6 %

	Total N (mg/kg)	Total P (mg/kg)	Total K (mg/kg)	Total salt (mg/kg)	TFS (%)
Value	3,830.00	500.00	5,150.00		4.00
DL	100.00	100.00	100.00		0.01

PV-13 - 05/26/2023: Corn, silage

Corn Silage

Sample and source description: Corn Silage
Sample date: 09/20/2023 Source of analysis: Lab analysis Method of reporting: As-is
Moisture: 67.5 %

	Total N (mg/kg)	Total P (mg/kg)	Total K (mg/kg)	Total salt (mg/kg)	TFS (%)
Value	3,710.00	480.00	4,980.00		5.50
DL	100.00	100.00	100.00		0.01

Corn Silage

Sample and source description: Corn Silage
Sample date: 09/20/2023 Source of analysis: Lab analysis Method of reporting: As-is
Moisture: 70.5 %

	Total N (mg/kg)	Total P (mg/kg)	Total K (mg/kg)	Total salt (mg/kg)	TFS (%)
Value	3,810.00	480.00	4,770.00		2.80
DL	100.00	100.00	100.00		0.01

Corn Silage

Sample and source description: Corn Silage
Sample date: 09/20/2023 Source of analysis: Lab analysis Method of reporting: As-is
Moisture: 68.4 %

	Total N (mg/kg)	Total P (mg/kg)	Total K (mg/kg)	Total salt (mg/kg)	TFS (%)
Value	4,230.00	580.00	6,010.00		5.10
DL	100.00	100.00	100.00		0.01

PV-13 - 05/26/2023: Corn, silage

Corn Silage

Sample and source description: Corn Silage

Sample date: 09/28/2023 Source of analysis: Lab analysis Method of reporting: As-is

Moisture: 64.0 %

	Total N (mg/kg)	Total P (mg/kg)	Total K (mg/kg)	Total salt (mg/kg)	TFS (%)
Value	4,500.00	830.00	4,550.00		4.20
DL	100.00	100.00	100.00		0.01

Corn Silage

Sample and source description: Corn Silage

Sample date: 09/28/2023 Source of analysis: Lab analysis Method of reporting: As-is

Moisture: 68.3 %

	Total N (mg/kg)	Total P (mg/kg)	Total K (mg/kg)	Total salt (mg/kg)	TFS (%)
Value	3,770.00	680.00	6,020.00		6.50
DL	100.00	100.00	100.00		0.01

PV-16 - 01/01/2015: Almond, in shell

Almonds

Sample and source description: Almonds

Sample date: 10/09/2023 Source of analysis: Lab analysis Method of reporting: As-is

Moisture: 11.2 %

	Total N (mg/kg)	Total P (mg/kg)	Total K (mg/kg)	Total salt (mg/kg)	TFS (%)
Value	16,100.00	1,940.00	23,400.00		8.70
DL	100.00	100.00	100.00		0.01

PV-18 - 10/30/2022: Wheat, silage, soft dough

PV-18 - 10/30/2022: Wheat, silage, soft dough

Wheat

Sample and source description: Wheat

Sample date: 05/01/2023 Source of analysis: Lab analysis Method of reporting: As-is

Moisture: 69.2 %

	Total N (mg/kg)	Total P (mg/kg)	Total K (mg/kg)	Total salt (mg/kg)	TFS (%)
Value	5,790.00	1,170.00	9,390.00		9.83
DL	100.00	100.00	100.00		0.01

Wheat

Sample and source description: Wheat

Sample date: 05/01/2023 Source of analysis: Lab analysis Method of reporting: As-is

Moisture: 60.6 %

	Total N (mg/kg)	Total P (mg/kg)	Total K (mg/kg)	Total salt (mg/kg)	TFS (%)
Value	6,750.00	1,530.00	12,300.00		9.73
DL	100.00	100.00	100.00		0.01

PV-18 - 05/28/2023: Corn, silage

Corn Silage

Sample and source description: Corn Silage

Sample date: 10/02/2023 Source of analysis: Lab analysis Method of reporting: As-is

Moisture: 64.2 %

	Total N (mg/kg)	Total P (mg/kg)	Total K (mg/kg)	Total salt (mg/kg)	TFS (%)
Value	4,150.00	880.00	8,100.00		5.96
DL	100.00	100.00	100.00		0.01

PV-18 - 05/28/2023: Corn, silage

Corn Silage

Sample and source description: Corn Silage

Sample date: 10/02/2023 Source of analysis: Lab analysis Method of reporting: As-is

Moisture: 63.8 %

	Total N (mg/kg)	Total P (mg/kg)	Total K (mg/kg)	Total salt (mg/kg)	TFS (%)
Value	4,560.00	1,050.00	7,190.00		5.40
DL	100.00	100.00	100.00		0.01

PV-23 - 01/01/2013: Almond, in shell

Almonds

Sample and source description: Almonds

Sample date: 10/09/2023 Source of analysis: Lab analysis Method of reporting: As-is

Moisture: 11.2 %

	Total N (mg/kg)	Total P (mg/kg)	Total K (mg/kg)	Total salt (mg/kg)	TFS (%)
Value	16,100.00	1,940.00	23,400.00		8.70
DL	100.00	100.00	100.00		0.01

PV-4 - 02/01/2019: Almond, in shell

Almonds

Sample and source description: Almonds

Sample date: 10/09/2023 Source of analysis: Lab analysis Method of reporting: As-is

Moisture: 10.8 %

	Total N (mg/kg)	Total P (mg/kg)	Total K (mg/kg)	Total salt (mg/kg)	TFS (%)
Value	15,100.00	1,860.00	20,900.00		9.70
DL	100.00	100.00	100.00		0.01

PV-5 - 10/28/2022: Wheat, silage, soft dough

Wheat

Sample and source description: Wheat

Sample date: 05/01/2023 Source of analysis: Lab analysis Method of reporting: As-is

Moisture: 69.2 %

	Total N (mg/kg)	Total P (mg/kg)	Total K (mg/kg)	Total salt (mg/kg)	TFS (%)
Value	5,670.00	1,050.00	8,880.00		10.80
DL	100.00	100.00	100.00		0.01

Wheat

Sample and source description: Wheat

Sample date: 05/01/2023 Source of analysis: Lab analysis Method of reporting: As-is

Moisture: 69.3 %

	Total N (mg/kg)	Total P (mg/kg)	Total K (mg/kg)	Total salt (mg/kg)	TFS (%)
Value	6,170.00	1,140.00	10,300.00		10.70
DL	100.00	100.00	100.00		0.01

PV-5 - 06/08/2023: Corn, silage

Corn Silage

Sample and source description: Corn Silage

Sample date: 10/02/2023 Source of analysis: Lab analysis Method of reporting: As-is

Moisture: 70.2 %

	Total N (mg/kg)	Total P (mg/kg)	Total K (mg/kg)	Total salt (mg/kg)	TFS (%)
Value	3,990.00	820.00	2,660.00		6.60
DL	100.00	100.00	100.00		0.01

PV-5 - 06/08/2023: Corn, silage

Corn Silage

Sample and source description: Corn Silage

Sample date: 10/02/2023 Source of analysis: Lab analysis Method of reporting: As-is

Moisture: 74.2 %

	Total N (mg/kg)	Total P (mg/kg)	Total K (mg/kg)	Total salt (mg/kg)	TFS (%)
Value	2,810.00	730.00	3,790.00		5.85
DL	100.00	100.00	100.00		0.01

PV-6 - 10/28/2022: Wheat, silage, soft dough

Wheat

Sample and source description: Wheat

Sample date: 05/01/2023 Source of analysis: Lab analysis Method of reporting: As-is

Moisture: 63.9 %

	Total N (mg/kg)	Total P (mg/kg)	Total K (mg/kg)	Total salt (mg/kg)	TFS (%)
Value	5,460.00	1,070.00	8,860.00		10.20
DL	100.00	100.00	100.00		0.01

Wheat

Sample and source description: Wheat

Sample date: 05/01/2023 Source of analysis: Lab analysis Method of reporting: As-is

Moisture: 66.6 %

	Total N (mg/kg)	Total P (mg/kg)	Total K (mg/kg)	Total salt (mg/kg)	TFS (%)
Value	5,420.00	1,060.00	7,720.00		9.36
DL	100.00	100.00	100.00		0.01

PV-6 - 06/06/2023: Corn, silage

PV-6 - 06/06/2023: Corn, silage

Corn Silage

Sample and source description: Corn Silage

Sample date: 09/28/2023 Source of analysis: Lab analysis Method of reporting: As-is

Moisture: 66.4 %

	Total N (mg/kg)	Total P (mg/kg)	Total K (mg/kg)	Total salt (mg/kg)	TFS (%)
Value	4,470.00	600.00	6,060.00		6.30
DL	100.00	100.00	100.00		0.01

Corn Silage

Sample and source description: Corn Silage

Sample date: 09/28/2023 Source of analysis: Lab analysis Method of reporting: As-is

Moisture: 66.8 %

	Total N (mg/kg)	Total P (mg/kg)	Total K (mg/kg)	Total salt (mg/kg)	TFS (%)
Value	4,250.00	590.00	5,580.00		6.40
DL	100.00	100.00	100.00		0.01

PV-7 - 10/28/2022: Wheat, silage, soft dough

Wheat

Sample and source description: Wheat

Sample date: 05/01/2023 Source of analysis: Lab analysis Method of reporting: As-is

Moisture: 68.2 %

	Total N (mg/kg)	Total P (mg/kg)	Total K (mg/kg)	Total salt (mg/kg)	TFS (%)
Value	5,640.00	990.00	8,310.00		10.60
DL	100.00	100.00	100.00		0.01

PV-7 - 10/28/2022: Wheat, silage, soft dough

Wheat

Sample and source description: Wheat

Sample date: 05/01/2023 Source of analysis: Lab analysis Method of reporting: As-is

Moisture: 64.7 %

	Total N (mg/kg)	Total P (mg/kg)	Total K (mg/kg)	Total salt (mg/kg)	TFS (%)
Value	5,760.00	1,010.00	8,230.00		9.30
DL	100.00	100.00	100.00		0.01

PV-7 - 06/05/2023: Corn, silage

Corn Silage

Sample and source description: Corn Silage

Sample date: 09/28/2023 Source of analysis: Lab analysis Method of reporting: As-is

Moisture: 68.4 %

	Total N (mg/kg)	Total P (mg/kg)	Total K (mg/kg)	Total salt (mg/kg)	TFS (%)
Value	4,270.00	610.00	5,060.00		0.20
DL	100.00	100.00	100.00		0.01

Corn Silage

Sample and source description: Corn Silage

Sample date: 09/28/2023 Source of analysis: Lab analysis Method of reporting: As-is

Moisture: 63.7 %

	Total N (mg/kg)	Total P (mg/kg)	Total K (mg/kg)	Total salt (mg/kg)	TFS (%)
Value	4,320.00	780.00	4,460.00		5.10
DL	100.00	100.00	100.00		0.01

PV-8 - 01/01/2014: Almond, in shell

PV-8 - 01/01/2014: Almond, in shell

Almonds

Sample and source description: Almonds

Sample date: 10/09/2023 Source of analysis: Lab analysis Method of reporting: As-is

Moisture: 10.8 %

	Total N (mg/kg)	Total P (mg/kg)	Total K (mg/kg)	Total salt (mg/kg)	TFS (%)
Value	15,100.00	1,860.00	20,900.00		9.70
DL	100.00	100.00	100.00		0.01

PV-9 - 10/29/2022: Wheat, silage, soft dough

Wheat

Sample and source description: Wheat

Sample date: 04/17/2023 Source of analysis: Lab analysis Method of reporting: As-is

Moisture: 65.2 %

	Total N (mg/kg)	Total P (mg/kg)	Total K (mg/kg)	Total salt (mg/kg)	TFS (%)
Value	5,460.00	1,320.00	13,300.00		10.10
DL	100.00	100.00	100.00		0.01

Wheat

Sample and source description: Wheat

Sample date: 04/17/2023 Source of analysis: Lab analysis Method of reporting: As-is

Moisture: 66.2 %

	Total N (mg/kg)	Total P (mg/kg)	Total K (mg/kg)	Total salt (mg/kg)	TFS (%)
Value	7,060.00	1,860.00	17,200.00		14.30
DL	100.00	100.00	100.00		0.01

PV-9 - 10/29/2022: Wheat, silage, soft dough

Wheat

Sample and source description: Wheat

Sample date: 04/17/2023 Source of analysis: Lab analysis Method of reporting: As-is

Moisture: 65.6 %

	Total N (mg/kg)	Total P (mg/kg)	Total K (mg/kg)	Total salt (mg/kg)	TFS (%)
Value	4,990.00	1,310.00	12,900.00		9.20
DL	100.00	100.00	100.00		0.01

Wheat

Sample and source description: Wheat

Sample date: 04/17/2023 Source of analysis: Lab analysis Method of reporting: As-is

Moisture: 64.8 %

	Total N (mg/kg)	Total P (mg/kg)	Total K (mg/kg)	Total salt (mg/kg)	TFS (%)
Value	6,200.00	1,550.00	14,000.00		11.30
DL	100.00	100.00	100.00		0.01

PV-9 - 05/03/2023: Corn, silage

Corn Silage

Sample and source description: Corn Silage

Sample date: 09/05/2023 Source of analysis: Lab analysis Method of reporting: As-is

Moisture: 62.7 %

	Total N (mg/kg)	Total P (mg/kg)	Total K (mg/kg)	Total salt (mg/kg)	TFS (%)
Value	3,840.00	1,290.00	6,690.00		5.30
DL	100.00	100.00	100.00		0.01

PV-9 - 05/03/2023: Corn, silage

Corn Silage

Sample and source description: Corn Silage
Sample date: 09/05/2023 Source of analysis: Lab analysis Method of reporting: As-is
Moisture: 65.5 %

	Total N (mg/kg)	Total P (mg/kg)	Total K (mg/kg)	Total salt (mg/kg)	TFS (%)
Value	5,310.00	1,190.00	7,810.00		5.73
DL	100.00	100.00	100.00		0.01

Corn Silage

Sample and source description: Corn Silage
Sample date: 09/05/2023 Source of analysis: Lab analysis Method of reporting: As-is
Moisture: 73.4 %

	Total N (mg/kg)	Total P (mg/kg)	Total K (mg/kg)	Total salt (mg/kg)	TFS (%)
Value	3,460.00	680.00	5,760.00		5.28
DL	100.00	100.00	100.00		0.01

Corn Silage

Sample and source description: Corn Silage
Sample date: 09/05/2023 Source of analysis: Lab analysis Method of reporting: As-is
Moisture: 56.2 %

	Total N (mg/kg)	Total P (mg/kg)	Total K (mg/kg)	Total salt (mg/kg)	TFS (%)
Value	5,650.00	1,440.00	6,710.00		5.92
DL	100.00	100.00	100.00		0.01

PV-9 - 05/03/2023: Corn, silage

Corn Silage

Sample and source description: Corn Silage

Sample date: 09/05/2023 Source of analysis: Lab analysis Method of reporting: As-is

Moisture: 69.4 %

	Total N (mg/kg)	Total P (mg/kg)	Total K (mg/kg)	Total salt (mg/kg)	TFS (%)
Value	3,830.00	990.00	5,680.00		5.49
DL	100.00	100.00	100.00		0.01

Corn Silage

Sample and source description: Corn Silage

Sample date: 09/05/2023 Source of analysis: Lab analysis Method of reporting: As-is

Moisture: 66.7 %

	Total N (mg/kg)	Total P (mg/kg)	Total K (mg/kg)	Total salt (mg/kg)	TFS (%)
Value	5,390.00	1,370.00	7,560.00		7.57
DL	100.00	100.00	100.00		0.01

F. SUBSURFACE (TILE) DRAINAGE ANALYSES

No subsurface (tile) drainage analyses entered.

NUTRIENT APPLICATIONS, POTENTIAL REMOVAL, AND BALANCE

A. SUMMARY OF NUTRIENT APPLICATIONS, POTENTIAL REMOVAL, AND BALANCE

	Total N (lbs)	Total P (lbs)	Total K (lbs)	Total salt (lbs)
Existing soil nutrient content	0.00	0.00	0.00	0.00
Plowdown credit	0.00	0.00	0.00	0.00
Commercial fertilizer / Other	8,084.00	372.00	372.00	0.00
Dry manure	23,283.29	8,011.03	54,985.39	665,612.64
Process wastewater	226,197.73	23,205.84	215,938.79	1,436,141.79
Fresh water	6,008.93	0.00	0.00	221,038.78
Atmospheric deposition	8,358.00	0.00	0.00	0.00
Total nutrients applied	271,931.95	31,588.87	271,296.18	2,322,793.21
Anticipated crop nutrient removal	174,410.00	30,176.00	151,080.00	0.00
Actual crop nutrient removal	203,584.40	37,701.85	277,691.95	1,020,239.84
Nutrient balance	68,347.56	-6,112.98	-6,395.77	1,302,553.37
Applied to removed ratio	1.34	0.84	0.98	2.28

B. POUNDS OF NUTRIENT APPLIED VS. CROP REMOVAL

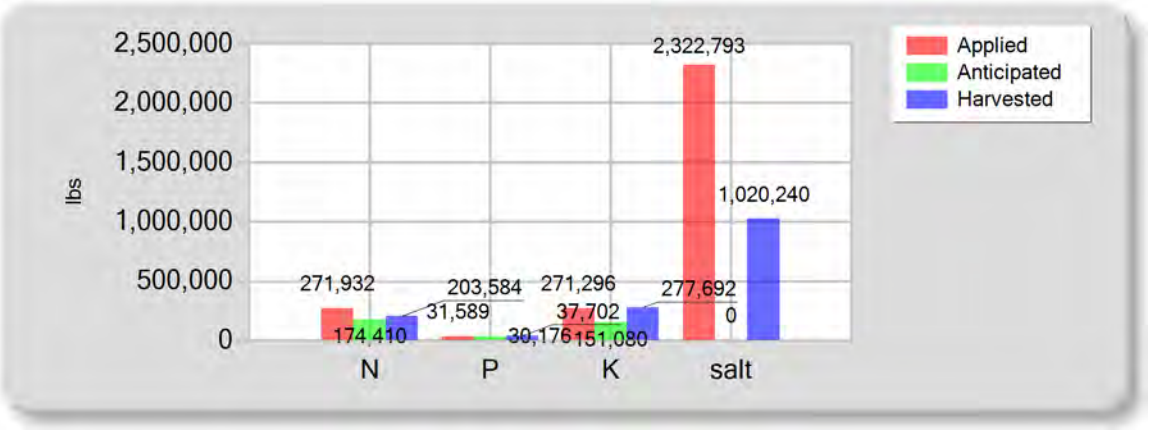

C. POUNDS OF NUTRIENT APPLIED BY MATERIAL TYPE

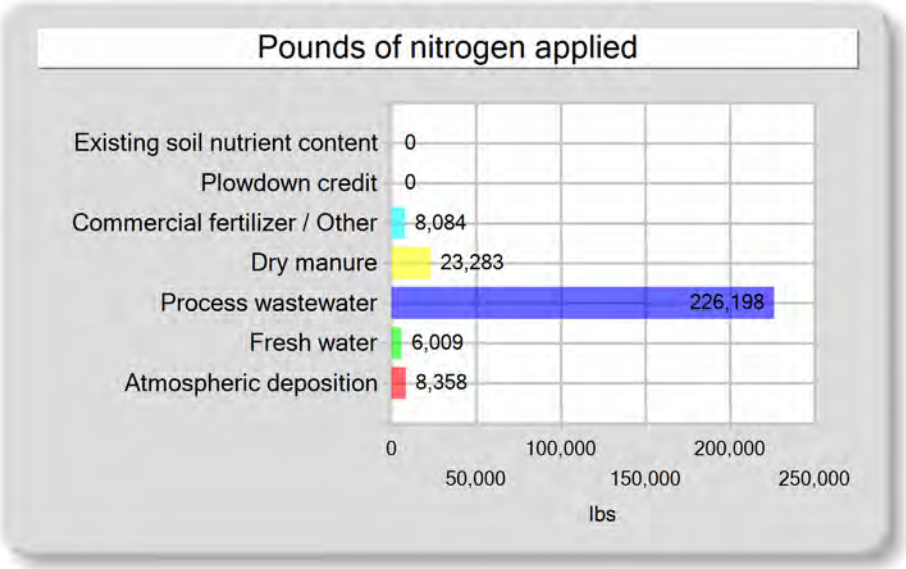

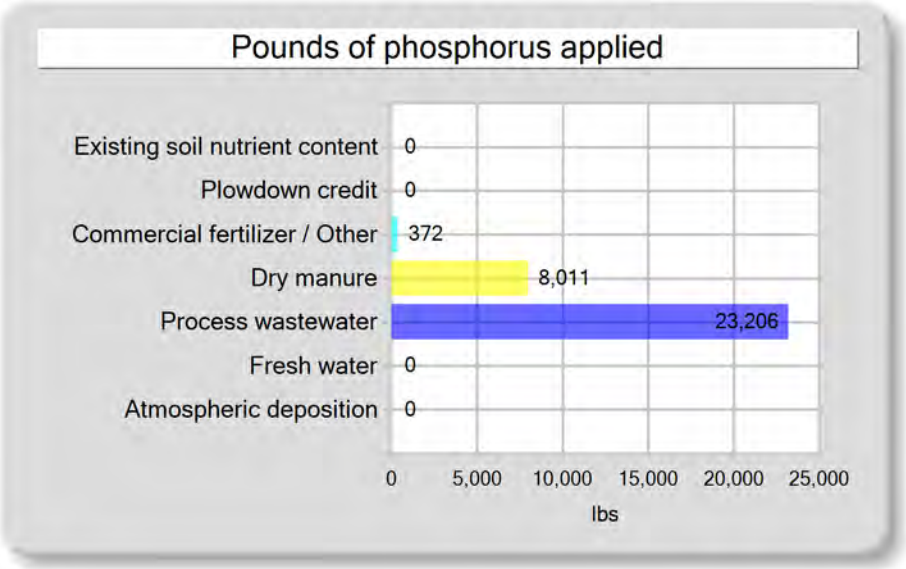

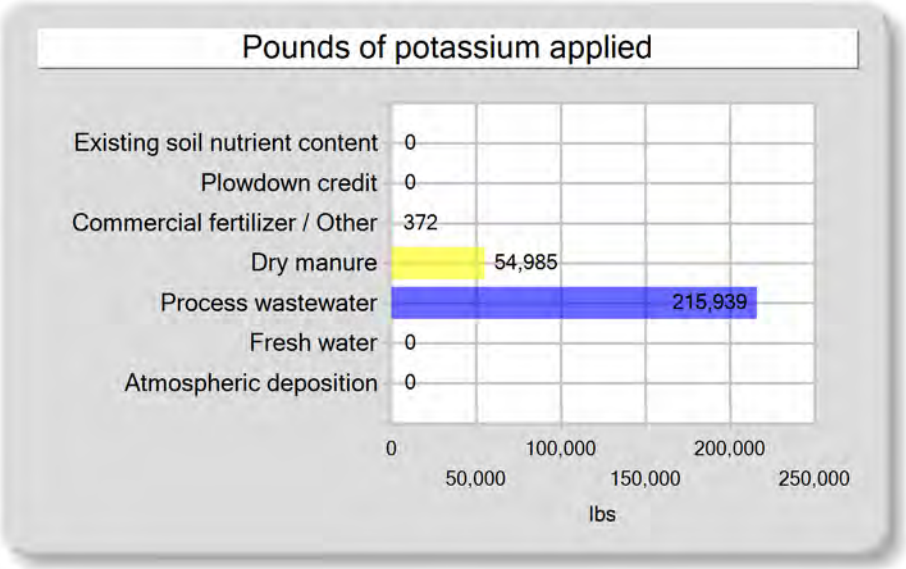

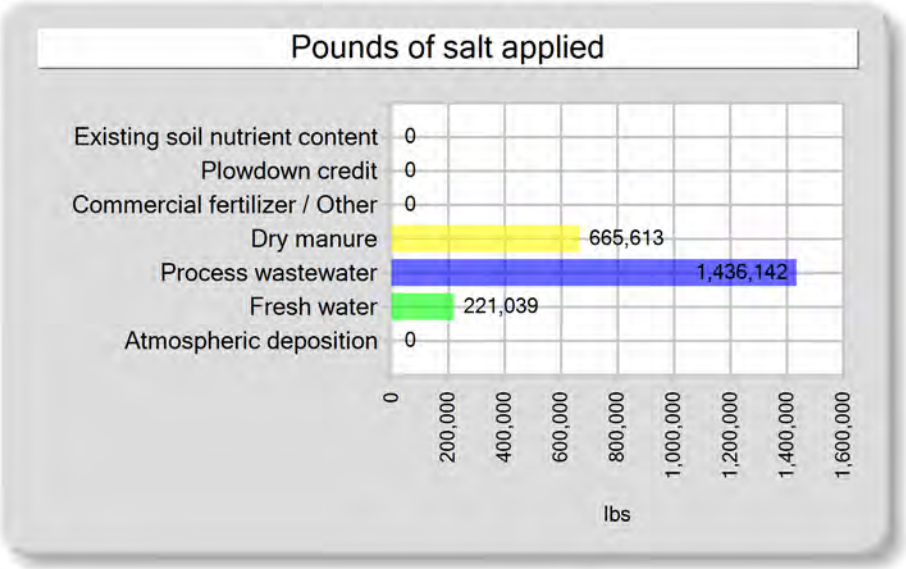

EXCEPTION REPORTING

A. MANURE, PROCESS WASTEWATER, AND OTHER DAIRY WASTE DISCHARGES

The following is a summary of all manure and process wastewater discharges from the production area to surface water or to land areas (land application areas or otherwise) when not in accordance with the facility's Nutrient Management Plan.

No manure or process wastewater discharges occurred during the reporting period.

B. STORM WATER DISCHARGES

The following is a summary of all storm water discharges from the production area to surface water during the reporting period when not in accordance with the facility 's Nutrient Management Plan.

No stormwater discharges occurred during the reporting period.

C. LAND APPLICATION AREA TO SURFACE WATER DISCHARGES

The following is a summary of all discharges from the land application area to surface water that have occurred during the reporting period when not in accordance with the facility's Nutrient Management Plan.

No land application area to surface water discharges occurred during the reporting period.

NUTRIENT MANAGEMENT PLAN AND EXPORT AGREEMENT STATEMENTS

A. NUTRIENT MANAGEMENT PLAN STATEMENTS

Was the facility's NMP updated in the reporting period?	No
Was the facility's NMP developed by a certified nutrient management planner (specialist) as specified in Attachment C of the General Order?	Yes
Was the facility's NMP approved by a certified nutrient management planner (specialist) as specified in Attachment C of the General Order?	Yes

B. EXPORT AGREEMENT STATEMENT

Are there any written agreements with third parties to receive manure or process wastewater that are new or were revised within the reporting period?	No

ADDITIONAL NOTES

A. NOTES

No notes entered for this annual report.

CERTIFICATION

A. OWNER AND/OR OPERATOR CERTIFICATION

I certify under penalty of law that I have personally examined and am familiar with the information submitted in this document and all attachments and that, based on my inquiry of those individuals immediately responsible for obtaining the information, I believe that the information is true, accurate, and complete. I am aware that there are significant penalties for submitting false information, including the possibility of fine and imprisonment.

Henry te Velde Henry te Velde (Apr 22, 2024 16:11 PDT)	Jacob de Jong Jacob de Jong (Apr 22, 2024 16:10 PDT)
SIGNATURE OF OWNER OF FACILITY	SIGNATURE OF OPERATOR OF FACILITY
Henry J TeVelde	Jacob de Jong
PRINT OR TYPE NAME	PRINT OR TYPE NAME
Apr 22, 2024	Apr 22, 2024
DATE	DATE

ATTACHMENTS

A. REQUIRED ATTACHMENTS

The following lists the required documents that should be attached to the Annual Report when submitted .

Annual Dairy Facility Assessment
Provide an Annual Dairy Facility Assessment (an update to the Preliminary Dairy Facility Assessment in Attachment A) for each reporting period. On the PDFA Final page, click on the ADFA Report button to generate an ADFA report after updating information as needed .

Manure/Process Wastewater Tracking Manifests
Provide copies of all manure/process wastewater tracking manifests for the reporting period, signed by both the owner/operator and the hauler.

Corrective Actions Documents
Provide records documenting any corrective actions taken to correct deficiencies noted as a result of the inspections required in the Monitoring Requirements of the General Order. Deficiencies not corrected in 30 days must be accompanied by an explanation of the factors preventing immediate correction.

Groundwater Monitoring
Dischargers that monitor supply wells or subsurface (tile) drainage systems, or that have monitoring well systems must submit monitoring results as directed in the General Order, Groundwater Reporting Section starting on page MRP-13.

Storm Water Monitoring
Dischargers that are required to monitor storm water more frequently than required in the General Order must submit monitoring results as directed in the General Order, Storm Water Reporting Section on page MRP-14.

ATTACHMENT D
0

For
Existing Milk Cow Dairies

Instructions:
1) Complete one manifest for each hauling event, for each destination. A hauling event may last for several days, as long as the manure is being hauled to the same destination.
2) If there are multiple destinations, **complete a separate form for each destination.**
3) The operator must obtain the signature of the hauler upon completion of each manure-hauling event.
4) The operator shall submit copies of manure/process wastewater tracking manifest(s) with the Annual Monitoring Report for Existing Milk Cow Dairies.

Operator Information:
Name of Operator: _____

Name of Dairy Facility: PARKUIKW

Facility Address: _____
Number and Street City Zip Code

Contact Person Name and Phone Number: _____
Name Phone Number

Manure/Process Wastewater Hauler Information:
Name of Hauling Company/Person: JERRY HOLSAPPLE MANURE SPREADING

Address of Hauling Company /Person: 19085 BRADBURY RD. TURLOCK 95380
Number and Street City Zip Code

Contact Person: RICH EIDSON 209 495-8639
Name Phone Number

Destination Information:
Composting Facility / Broker / Farmer / Other (identify) _____ (please circle one)

Contact information of Composting Facility, Broker, Farmer, or Other (as identified above):

Jerry Holsapple manure spreading 19085 bradbury rd. Turlock 95380 209 668-2400
Name Number and Street City Zip Code Phone Number

Manure/Process Wastewater Destination Address or Assessor's Parcel Number:

_____
Number and Street City Zip Code Assessor's Parcel Number

Dates Hauled: 5/1/23 - 5/3/23

Amount Hauled:
Enter the amount of manure hauled in tons or cubic yards (indicate the units used), the manure solids content (if amount reported in tons) or manure density (if amount reported in cubic yards), and the method used to calculate the amount:

Manure: 2660 Tons or Cubic Yards (indicate which units used)
Manure Solids Content (if amount reported in tons): _____
Manure Density (if amount reported in cubic yards): 1.63 YARDS PER TON

Attachment D

Waste Discharge Requirements General Order No. R5-2007-0035
Existing Milk Cow Dairies

Method used to determine amount of manure: 20 yard spreader box

Enter the amount of process wastewater hauled in gallons and the method used to determine the amount.

Process Wastewater: _____ Gallons

Method used to determine volume of process wastewater: _____

Written Agreement:
Does the Operator have a written agreement (in compliance with Land Application Specification C.2 of Waste Discharge Requirements General Order No. R5-2007-0035) with any party that receives process wastewater from the Operator for its own use? (please check one)

____ Yes _____ No

If the answer is no, the Operator agrees to have such a written agreement with any such party for any process wastewater transferred after **31 December 2007** to such party.
_____ (Operator shall provide initials here to acknowledge this requirement).

Certification:
I declare under the penalty of law that I personally examined and am familiar with the information submitted in this document, and that based on my inquiry of those individuals immediately responsible for obtaining the information, I believe that the information is true, accurate, and complete. I am aware that there are significant penalties for submitting false information, including the possibility of a fine and imprisonment for knowing violations.

Operator's Signature: Jacob de Jong (Apr 22, 2024 16:10 PDT) Date: Apr 22, 2024

Hauler's Signature: _____ Date: 5/4/23

ATTACHMENT D
0
.
For
Existing Milk Cow Dairies

Instructions:
1) Complete one manifest for each hauling event, for each destination. A hauling event may last for several days, as long as the manure is being hauled to the same destination.
2) If there are multiple destinations, **complete a separate form for each destination.**
3) The operator must obtain the signature of the hauler upon completion of each manure-hauling event.
4) The operator shall submit copies of manure/process wastewater tracking manifest(s) with the Annual Monitoring Report for Existing Milk Cow Dairies.

Operator Information:
Name of Operator: _____

Name of Dairy Facility: PARKVIEW

Facility Address: _____
Number and Street City Zip Code

Contact Person Name and Phone Number: _____
Name Phone Number

Manure/Process Wastewater Hauler Information:
Name of Hauling Company/Person: JERRY HOLSAPPLE MANURE SPREADING

Address of Hauling Company /Person: 19085 BRADBURY RD. TURLOCK 95380
Number and Street City Zip Code

Contact Person: RICH EIDSON 209 495-8639
Name Phone Number

Destination Information:
Composting Facility / Broker / Farmer / Other (identify) _____ (please circle one)

Contact information of Composting Facility, Broker, Farmer, or Other (as identified above):

Jerry Holsapple manure spreading 19085 bradbury rd. Turlock 95380 209 668-2400
Name Number and Street City Zip Code Phone Number

Manure/Process Wastewater Destination Address or Assessor's Parcel Number:

_____
Number and Street City Zip Code Assessor's Parcel Number

Dates Hauled: 8/14/23 - 8/15/23

Amount Hauled:
Enter the amount of manure hauled in tons or cubic yards (indicate the units used), the manure solids content (if amount reported in tons) or manure density (if amount reported in cubic yards), and the method used to calculate the amount:

Manure: 1160 Tons or Cubic Yards (indicate which units used)
Manure Solids Content (if amount reported in tons): _____
Manure Density (if amount reported in cubic yards): 1.63 YARDS PER TON

Attachment D

Waste Discharge Requirements General Order No. R5-2007-0035
Existing Milk Cow Dairies

Method used to determine amount of manure: 20 yard spreader box

Enter the amount of process wastewater hauled in gallons and the method used to determine the amount.

Process Wastewater: _____ Gallons

Method used to determine volume of process wastewater: _____

Written Agreement:
Does the Operator have a written agreement (in compliance with Land Application Specification C.2 of Waste Discharge Requirements General Order No. R5-2007-0035) with any party that receives process wastewater from the Operator for its own use? (please check one)

____ Yes _____ No

If the answer is no, the Operator agrees to have such a written agreement with any such party for any process wastewater transferred after **31 December 2007** to such party.
_____ (Operator shall provide initials here to acknowledge this requirement).

Certification:
I declare under the penalty of law that I personally examined and am familiar with the information submitted in this document, and that based on my inquiry of those individuals immediately responsible for obtaining the information, I believe that the information is true, accurate, and complete. I am aware that there are significant penalties for submitting false information, including the possibility of a fine and imprisonment for knowing violations.

Operator's Signature: Jacob de Jong (Apr 22, 2024 16:10 PDT) Date: Apr 22, 2024

Hauler's Signature: _____ Date: 8/16/23

ATTACHMENT D
0

For
Existing Milk Cow Dairies

Instructions:
1) Complete one manifest for each hauling event, for each destination. A hauling event may last for several days, as long as the manure is being hauled to the same destination.
2) If there are multiple destinations, **complete a separate form for each destination.**
3) The operator must obtain the signature of the hauler upon completion of each manure-hauling event.
4) The operator shall submit copies of manure/process wastewater tracking manifest(s) with the Annual Monitoring Report for Existing Milk Cow Dairies.

Operator Information:
Name of Operator: _____

Name of Dairy Facility: PARKVIEW

Facility Address: _____
Number and Street | City | Zip Code

Contact Person Name and Phone Number: _____
Name | Phone Number

Manure/Process Wastewater Hauler Information:
Name of Hauling Company/Person: JERRY HOLSAPPLE MANURE SPREADING

Address of Hauling Company /Person: 19085 BRADBURY RD. | TURLOCK | 95380
Number and Street | City | Zip Code

Contact Person: RICH EIDSON | 209 495-6639
Name | Phone Number

Destination Information:
Composting Facility / Broker / Farmer / Other (identify) _____ (please circle one)

Contact information of Composting Facility, Broker, Farmer, or Other (as identified above):

Jerry Holsapple manure spreading | 19085 bradbury rd. | Turlock | 95380 | 209 668-2400
Name | Number and Street | City | Zip Code | Phone Number

Manure/Process Wastewater Destination Address or Assessor's Parcel Number:

_____
Number and Street | City | Zip Code | Assessor's Parcel Number

Dates Hauled: 9/24/23 - 9/26/23

Amount Hauled:
Enter the amount of manure hauled in tons or cubic yards (indicate the units used), the manure solids content (if amount reported in tons) or manure density (if amount reported in cubic yards), and the method used to calculate the amount:

Manure: 360 Tons or Cubic Yards (indicate which units used)
Manure Solids Content (if amount reported in tons): _____
Manure Density (if amount reported in cubic yards): 1.63 YARDS PER TON

Attachment D

Waste Discharge Requirements General Order No. R5-2007-0035
Existing Milk Cow Dairies

Method used to determine amount of manure: 20 yard spreader box

Enter the amount of process wastewater hauled in gallons and the method used to determine the amount.

Process Wastewater: _____ Gallons

Method used to determine volume of process wastewater: _____

Written Agreement:
Does the Operator have a written agreement (in compliance with Land Application Specification C.2 of Waste Discharge Requirements General Order No. R5-2007-0035) with any party that receives process wastewater from the Operator for its own use? (please check one)

____ Yes _____ No

If the answer is no, the Operator agrees to have such a written agreement with any such party for any process wastewater transferred after 31 December 2007 to such party.
_____ (Operator shall provide initials here to acknowledge this requirement).

Certification:
I declare under the penalty of law that I personally examined and am familiar with the information submitted in this document, and that based on my inquiry of those individuals immediately responsible for obtaining the information, I believe that the information is true, accurate, and complete. I am aware that there are significant penalties for submitting false information, including the possibility of a fine and imprisonment for knowing violations.

Operator's Signature: Jacob de Jong (Apr 22, 2024 16:10 PDT) Date: Apr 22, 2024

Hauler's Signature: RM Date: 9/27/23

ATTACHMENT D
0

For
Existing Milk Cow Dairies

Instructions:
1) Complete one manifest for each hauling event, for each destination. A hauling event may last for several days, as long as the manure is being hauled to the same destination.
2) If there are multiple destinations, **complete a separate form for each destination.**
3) The operator must obtain the signature of the hauler upon completion of each manure-hauling event.
4) The operator shall submit copies of manure/process wastewater tracking manifest(s) with the Annual Monitoring Report for Existing Milk Cow Dairies.

Operator Information:
Name of Operator: _____

Name of Dairy Facility: PARKVIEW

Facility Address: _____
Number and Street City Zip Code

Contact Person Name and Phone Number: _____
Name Phone Number

Manure/Process Wastewater Hauler Information:
Name of Hauling Company/Person: JERRY HOLSAPPLE MANURE SPREADING

Address of Hauling Company /Person: 19085 BRADBURY RD. TURLOCK 95380
Number and Street City Zip Code

Contact Person: RICH EIDSON 209 495-8639
Name Phone Number

Destination Information:
Composting Facility / Broker / Farmer / Other (identify) _____ (please circle one)

Contact information of Composting Facility, Broker, Farmer, or Other (as identified above):

Jerry Holsapple manure spreading 19085 bradbury rd. Turlock 95380 209 668-2400
Name Number and Street City Zip Code Phone Number

Manure/Process Wastewater Destination Address or Assessor's Parcel Number:

_____
Number and Street City Zip Code Assessor's Parcel Number

Dates Hauled: 11/5/23 - 11/8/23

Amount Hauled:
Enter the amount of manure hauled in tons or cubic yards (indicate the units used), the manure solids content (if amount reported in tons) or manure density (if amount reported in cubic yards), and the method used to calculate the amount:

Manure: 2320 Tons or Cubic Yards (indicate which units used)
Manure Solids Content (if amount reported in tons): _____
Manure Density (if amount reported in cubic yards): 1.63 YARDS PER TON

Method used to determine amount of manure: 20 yard spreader box

Enter the amount of process wastewater hauled in gallons and the method used to determine the amount.

Process Wastewater: _____ Gallons

Method used to determine volume of process wastewater: _____

Written Agreement:
Does the Operator have a written agreement (in compliance with Land Application Specification C.2 of Waste Discharge Requirements General Order No. R5-2007-0035) with any party that receives process wastewater from the Operator for its own use? (please check one)

____ Yes _____ No

If the answer is no, the Operator agrees to have such a written agreement with any such party for any process wastewater transferred after **31 December 2007** to such party.
_____ (Operator shall provide initials here to acknowledge this requirement).

Certification:
I declare under the penalty of law that I personally examined and am familiar with the information submitted in this document, and that based on my inquiry of those individuals immediately responsible for obtaining the information, I believe that the information is true, accurate, and complete. I am aware that there are significant penalties for submitting false information, including the possibility of a fine and imprisonment for knowing violations.

Operator's Signature: Jacob de Jong (Jacob de Jong, Apr 22, 2024 16:10 PDT) Date: Apr 22, 2024

Hauler's Signature: _____ Date: 11/2/23

ATTACHMENT D
0

For
Existing Milk Cow Dairies

Instructions:
1) Complete one manifest for each hauling event, for each destination. A hauling event may last for several days, as long as the manure is being hauled to the same destination.
2) If there are multiple destinations, **complete a separate form for each destination.**
3) The operator must obtain the signature of the hauler upon completion of each manure-hauling event.
4) The operator shall submit copies of manure/process wastewater tracking manifest(s) with the Annual Monitoring Report for Existing Milk Cow Dairies.

Operator Information:
Name of Operator: _____

Name of Dairy Facility: PARKVIEW

Facility Address: _____
Number and Street City Zip Code

Contact Person Name and Phone Number: _____
Name Phone Number

Manure/Process Wastewater Hauler Information:
Name of Hauling Company/Person: JERRY HOLSAPPLE MANURE SPREADING

Address of Hauling Company /Person: 19085 BRADBURY RD. TURLOCK 95380
Number and Street City Zip Code

Contact Person: RICH EIDSON 209 495-8639
Name Phone Number

Destination Information:
Composting Facility / Broker / Farmer / Other (identify) _____ (please circle one)

Contact information of Composting Facility, Broker, Farmer, or Other (as identified above):

Jerry Holsapple manure spreading 19085 bradbury rd. Turlock 95380 209 668-2400
Name Number and Street City Zip Code Phone Number

Manure/Process Wastewater Destination Address or Assessor's Parcel Number:

_____
Number and Street City Zip Code Assessor's Parcel Number

Dates Hauled: 11/15/23 - 11/17/23

Amount Hauled:
Enter the amount of manure hauled in tons or cubic yards (indicate the units used), the manure solids content (if amount reported in tons) or manure density (if amount reported in cubic yards), and the method used to calculate the amount:

Manure: 800 Tons or Cubic Yards (indicate which units used)
Manure Solids Content (if amount reported in tons): _____
Manure Density (if amount reported in cubic yards): 1.63 YARDS PER TON

Attachment D

Waste Discharge Requirements General Order No. R5-2007-0035
Existing Milk Cow Dairies

Method used to determine amount of manure: 20 yard spreader box

Enter the amount of process wastewater hauled in gallons and the method used to determine the amount.

Process Wastewater: _____ Gallons

Method used to determine volume of process wastewater: _____

Written Agreement:
Does the Operator have a written agreement (in compliance with Land Application Specification C.2 of Waste Discharge Requirements General Order No. R5-2007-0035) with any party that receives process wastewater from the Operator for its own use? (please check one)

____ Yes _____ No

If the answer is no, the Operator agrees to have such a written agreement with any such party for any process wastewater transferred after **31 December 2007** to such party.
_____ (Operator shall provide initials here to acknowledge this requirement).

Certification:
I declare under the penalty of law that I personally examined and am familiar with the information submitted in this document, and that based on my inquiry of those individuals immediately responsible for obtaining the information, I believe that the information is true, accurate, and complete. I am aware that there are significant penalties for submitting false information, including the possibility of a fine and imprisonment for knowing violations.

Operator's Signature: Jacob de Jong (Apr 22, 2024 16:10 PDT) Date: Apr 22, 2024

Hauler's Signature: _____ Date: 12/21/23

ATTACHMENT D
0

For
Existing Milk Cow Dairies

Instructions:

1) Complete one manifest for each hauling event, for each destination. A hauling event may last for several days, as long as the manure is being hauled to the same destination.
2) If there are multiple destinations, **complete a separate form for each destination.**
3) The operator must obtain the signature of the hauler upon completion of each manure-hauling event.
4) The operator shall submit copies of manure/process wastewater tracking manifest(s) with the Annual Monitoring Report for Existing Milk Cow Dairies.

Operator Information:

Name of Operator: _____

Name of Dairy Facility: PARKVIEW

Facility Address: _____
Number and Street City Zip Code

Contact Person Name and Phone Number: _____
Name Phone Number

Manure/Process Wastewater Hauler Information:

Name of Hauling Company/Person: JERRY HOLSAPPLE MANURE SPREADING

Address of Hauling Company /Person: 19085 BRADBURY RD. TURLOCK 95380
Number and Street City Zip Code

Contact Person: RICH EIDSON 209 495-8639
Name Phone Number

Destination Information:

Composting Facility / Broker / Farmer / Other (identify) _____ (please circle one)

Contact information of Composting Facility, Broker, Farmer, or Other (as identified above):

Jerry Holsapple manure spreading 19085 bradbury rd. Turlock 95380 209 668-2400
Name Number and Street City Zip Code Phone Number

Manure/Process Wastewater Destination Address or Assessor's Parcel Number:

_____
Number and Street City Zip Code Assessor's Parcel Number

Dates Hauled: 12/18/23 - 12/21/23

Amount Hauled:

Enter the amount of manure hauled in tons or cubic yards (indicate the units used), the manure solids content (if amount reported in tons) or manure density (if amount reported in cubic yards), and the method used to calculate the amount:

Manure: 1520 Tons or Cubic Yards (indicate which units used)
Manure Solids Content (if amount reported in tons): _____
Manure Density (if amount reported in cubic yards): 1.65 YARDS PER TON

Attachment D

Waste Discharge Requirements General Order No. R5-2007-0035
Existing Milk Cow Dairies

Method used to determine amount of manure: 20 yard spreader box

Enter the amount of process wastewater hauled in gallons and the method used to determine the amount.

Process Wastewater: _____ Gallons

Method used to determine volume of process wastewater: _____

Written Agreement:
Does the Operator have a written agreement (in compliance with Land Application Specification C.2 of Waste Discharge Requirements General Order No. R5-2007-0035) with any party that receives process wastewater from the Operator for its own use? (please check one)

____ Yes _____ No

If the answer is no, the Operator agrees to have such a written agreement with any such party for any process wastewater transferred after **31 December 2007** to such party.
_____ (Operator shall provide initials here to acknowledge this requirement).

Certification:
I declare under the penalty of law that I personally examined and am familiar with the information submitted in this document, and that based on my inquiry of those individuals immediately responsible for obtaining the information, I believe that the information is true, accurate, and complete. I am aware that there are significant penalties for submitting false information, including the possibility of a fine and imprisonment for knowing violations.

Operator's Signature: Jacob de Jong (Jacob de Jong (Apr 22, 2024 16:10 PDT)) Date: Apr 22, 2024

Hauler's Signature: _____ Date: 12/21/23

DELLAVALLE™
LABORATORY INC

Parkview Dairy
13640 Collier Rd
Delhi, CA 95315

Account# 00-0026157
Account Manager: Ben Nydam
Submitted By: F & R Ag Services
Ranch: Domestic Wells

Received: 08/17/2023 16:49
Reported: 08/24/2023 16:12

Samples in this Report

Lab ID	Sample	Matrix	Sampled By	Crop	Date Sampled
23H1656-01	DW - Dairy West	Ground Water	Jacob DeJong		08/17/2023 8:40
23H1656-02	DW - Dairy East	Ground Water	Jacob DeJong		08/17/2023 8:45
23H1656-03	DW - Shop	Ground Water	Jacob DeJong		08/17/2023 8:50
23H1656-04	DW - Jacob	Ground Water	Jacob DeJong		08/17/2023 9:00

Default Cooler Temperature on Receipt °C: -0.7
Containers Intact
COC/Labels Agree
Received On Ice

Notes and Definitions

Item	Definition
H	Hold Time Exceeded
MCL	Drinking Water Maximum Contaminant Level
ND	Analyte NOT DETECTED at or above the reporting limit.
NES	Not Enough Sample
*	Not Taken
RPD	Relative Percent Difference
%REC	Percent Recovery
Source	Sample that was matrix spiked or duplicated.

Scott McFriedland

Laboratory Director/Technical Manager

ELAP Certification #1595
A2LA Certification #6440.02

The results in this report apply to the samples as received and were analyzed in accordance with the chain of custody document. This analytical report must be reproduced in its entirety. All results listed in this report are for the exclusive use of the submitting party. Dellavalle Laboratory, Inc. assumes no responsibility for report alteration, separation, detachment or third party interpretation.

DELLAVALLE™
LABORATORY INC

Parkview Dairy
13640 Collier Rd
Delhi, CA 95315

Account# 00-0026157
Account Manager: Ben Nydam
Submitted By: F & R Ag Services
Ranch: Domestic Wells

Received: 08/17/2023 16:49
Reported: 08/24/2023 16:12

Sample Results

Sample: DW - Dairy West
23H1656-01 (Water)

Sampled: 8/17/2023 8:40
Sampled By: Jacob DeJong

Analyte	Result	Units	Reporting Limit	DIL	DW MCL	Date/Time Analyzed	Method	Notes	Batch
Electrical Conductivity	**1.45**	mmhos/cm	0.01	1		08/21/23 16:08	SM 2510 B		BEH0950
Electrical Conductivity umhos	**1450**	umhos/cm	10.0	1		08/21/23 16:08	SM 2510 B		BEH0950
Ammonia (as N)	*	mg/L	0.00	1		08/17/23 08:40	Field		BEH1220
Nitrate Nitrogen as NO3N	**31.1**	mg/L	0.1	1	10	08/18/23 21:02	EPA 300.0		BEH0942
pH	**7.3**	units	1.0	1		08/21/23 16:08	SM 4500-H+	H	BEH0950
Temperature	**25.0**	°C	0.0	1		08/21/23 16:08	SM 2510 B		BEH0950
Kjeldahl Nitrogen (TKN), Total	ND	mg/L	1.00	1		08/23/23 15:06	SM 4500-NH3 C		BEH1052
Total Nitrogen	**31.3**	mg/L	1.00	1		08/23/23 15:06	SM 4500-NH3 C		BEH1052

The results in this report apply to the samples as received and were analyzed in accordance with the chain of custody document. This analytical report must be reproduced in its entirety. All results listed in this report are for the exclusive use of the submitting party. Dellavalle Laboratory, Inc. assumes no responsibility for report alteration, separation, detachment or third party interpretation.

DELLAVALLE™
LABORATORY INC

Parkview Dairy
13640 Collier Rd
Delhi, CA 95315

Account# 00-0026157
Account Manager: Ben Nydam
Submitted By: F & R Ag Services
Ranch: Domestic Wells

Received: 08/17/2023 16:49
Reported: 08/24/2023 16:12

Sample Results
(Continued)

Sample: DW - Dairy East
23H1656-02 (Water)

Sampled: 8/17/2023 8:45
Sampled By: Jacob DeJong

Analyte	Result	Units	Reporting Limit	DIL	DW MCL	Date/Time Analyzed	Method	Notes	Batch
Electrical Conductivity	**1.43**	mmhos/cm	0.01	1		08/21/23 16:10	SM 2510 B		BEH0950
Electrical Conductivity umhos	**1430**	umhos/cm	10.0	1		08/21/23 16:10	SM 2510 B		BEH0950
Ammonia (as N)	*	mg/L	0.00	1		08/17/23 08:45	Field		BEH1220
Nitrate Nitrogen as NO3N	**32.0**	mg/L	0.1	1	10	08/18/23 23:42	EPA 300.0		BEH0942
pH	**7.3**	units	1.0	1		08/21/23 16:10	SM 4500-H+	H	BEH0950
Temperature	**25.0**	°C	0.0	1		08/21/23 16:10	SM 2510 B		BEH0950
Kjeldahl Nitrogen (TKN), Total	ND	mg/L	1.00	1		08/23/23 15:08	SM 4500-NH3 C		BEH1052
Total Nitrogen	**32.7**	mg/L	1.00	1		08/23/23 15:08	SM 4500-NH3 C		BEH1052

The results in this report apply to the samples as received and were analyzed in accordance with the chain of custody document. This analytical report must be reproduced in its entirety. All results listed in this report are for the exclusive use of the submitting party. Dellavalle Laboratory, Inc. assumes no responsibility for report alteration, separation, detachment or third party interpretation.

DELLAVALLE™
LABORATORY INC

Parkview Dairy
13640 Collier Rd
Delhi, CA 95315

Account# 00-0026157
Account Manager: Ben Nydam
Submitted By: F & R Ag Services
Ranch: Domestic Wells

Received: 08/17/2023 16:49
Reported: 08/24/2023 16:12

Sample Results
(Continued)

Sample: DW - Shop
23H1656-03 (Water)

Sampled: 8/17/2023 8:50
Sampled By: Jacob DeJong

Analyte	Result	Units	Reporting Limit	DIL	DW MCL	Date/Time Analyzed	Method	Notes	Batch
Electrical Conductivity	**1.42**	mmhos/cm	0.01	1		08/21/23 16:11	SM 2510 B		BEH0950
Electrical Conductivity umhos	**1420**	umhos/cm	10.0	1		08/21/23 16:11	SM 2510 B		BEH0950
Ammonia (as N)	*	mg/L	0.00	1		08/17/23 08:50	Field		BEH1220
Nitrate Nitrogen as NO3N	**68.8**	mg/L	0.1	1	10	08/19/23 00:01	EPA 300.0		BEH0942
pH	**7.3**	units	1.0	1		08/21/23 16:11	SM 4500-H+	H	BEH0950
Temperature	**25.0**	°C	0.0	1		08/21/23 16:11	SM 2510 B		BEH0950
Kjeldahl Nitrogen (TKN), Total	ND	mg/L	1.00	1		08/23/23 15:09	SM 4500-NH3 C		BEH1052
Total Nitrogen	**68.9**	mg/L	1.00	1		08/23/23 15:09	SM 4500-NH3 C		BEH1052

The results in this report apply to the samples as received and were analyzed in accordance with the chain of custody document. This analytical report must be reproduced in its entirety. All results listed in this report are for the exclusive use of the submitting party. Dellavalle Laboratory, Inc. assumes no responsibility for report alteration, separation, detachment or third party interpretation.

DELLAVALLE™
LABORATORY INC

Parkview Dairy
13640 Collier Rd
Delhi, CA 95315

Account# 00-0026157
Account Manager: Ben Nydam
Submitted By: F & R Ag Services
Ranch: Domestic Wells

Received: 08/17/2023 16:49
Reported: 08/24/2023 16:12

Sample Results
(Continued)

Sample: DW - Jacob
23H1656-04 (Water)

Sampled: 8/17/2023 9:00
Sampled By: Jacob DeJong

Analyte	Result	Units	Reporting Limit	DIL	DW MCL	Date/Time Analyzed	Method	Notes	Batch
Electrical Conductivity	**0.67**	mmhos/cm	0.01	1		08/21/23 16:13	SM 2510 B		BEH0950
Electrical Conductivity umhos	**673**	umhos/cm	10.0	1		08/21/23 16:13	SM 2510 B		BEH0950
Ammonia (as N)	*	mg/L	0.00	1		08/17/23 09:00	Field		BEH1220
Nitrate Nitrogen as NO3N	**43.8**	mg/L	0.1	1	10	08/19/23 00:21	EPA 300.0		BEH0942
pH	**7.5**	units	1.0	1		08/21/23 16:13	SM 4500-H+	H	BEH0950
Temperature	**25.0**	°C	0.0	1		08/21/23 16:13	SM 2510 B		BEH0950
Kjeldahl Nitrogen (TKN), Total	ND	mg/L	1.00	1		08/23/23 15:10	SM 4500-NH3 C		BEH1052
Total Nitrogen	**44.0**	mg/L	1.00	1		08/23/23 15:10	SM 4500-NH3 C		BEH1052

The results in this report apply to the samples as received and were analyzed in accordance with the chain of custody document. This analytical report must be reproduced in its entirety. All results listed in this report are for the exclusive use of the submitting party. Dellavalle Laboratory, Inc. assumes no responsibility for report alteration, separation, detachment or third party interpretation.

DELLAVALLE™
LABORATORY INC

Parkview Dairy
13640 Collier Rd
Delhi, CA 95315

Account# 00-0026157
Account Manager: Ben Nydam
Submitted By: F & R Ag Services
Ranch: Domestic Wells

Received: 08/17/2023 16:49
Reported: 08/24/2023 16:12

Quality Control

Analyte	Result	Qual	Reporting Limit	Units	Spike Level	Source Result	%REC	%REC Limits	RPD	RPD Limit
Batch: BEH0942										
Blank (BEH0942-BLK1)					Prepared & Analyzed: 8/18/2023					
Nitrate Nitrogen as NO3N	ND		0.1	mg/L						
Blank (BEH0942-BLK2)					Prepared & Analyzed: 8/18/2023					
Nitrate Nitrogen as NO3N	ND		0.1	mg/L						
Blank (BEH0942-BLK3)					Prepared: 8/18/2023 Analyzed: 8/19/2023					
Nitrate Nitrogen as NO3N	ND		0.1	mg/L						
Blank (BEH0942-BLK4)					Prepared: 8/18/2023 Analyzed: 8/19/2023					
Nitrate Nitrogen as NO3N	ND		0.1	mg/L						
LCS (BEH0942-BS1)					Prepared & Analyzed: 8/18/2023					
Nitrate Nitrogen as NO3N	5.0		0.1	mg/L	5.000		100	90-110		
LCS (BEH0942-BS2)					Prepared: 8/18/2023 Analyzed: 8/19/2023					
Nitrate Nitrogen as NO3N	5.0		0.1	mg/L	5.000		101	90-110		
LCS (BEH0942-BS3)					Prepared: 8/18/2023 Analyzed: 8/19/2023					
Nitrate Nitrogen as NO3N	5.0		0.1	mg/L	5.000		101	90-110		
Duplicate (BEH0942-DUP1)		**Source: 23H0205-02**			Prepared & Analyzed: 8/18/2023					
Nitrate Nitrogen as NO3N	5.7		0.1	mg/L		5.7			1.14	10
Duplicate (BEH0942-DUP2)		**Source: 23H1680-02**			Prepared: 8/18/2023 Analyzed: 8/19/2023					
Nitrate Nitrogen as NO3N	0.5		0.1	mg/L		0.5			1.49	10
Duplicate (BEH0942-DUP3)		**Source: 23H1761-01**			Prepared: 8/18/2023 Analyzed: 8/19/2023					
Nitrate Nitrogen as NO3N	3.1		0.1	mg/L		3.2			1.08	10
Matrix Spike (BEH0942-MS1)		**Source: 23H0205-02**			Prepared & Analyzed: 8/18/2023					
Nitrate Nitrogen as NO3N	11.1		0.1	mg/L	5.000	5.7	108	90-110		
Matrix Spike (BEH0942-MS2)		**Source: 23H1680-02**			Prepared: 8/18/2023 Analyzed: 8/19/2023					
Nitrate Nitrogen as NO3N	5.5		0.1	mg/L	5.000	0.5	99.8	90-110		
Matrix Spike (BEH0942-MS3)		**Source: 23H1761-01**			Prepared: 8/18/2023 Analyzed: 8/19/2023					
Nitrate Nitrogen as NO3N	8.7		0.1	mg/L	5.000	3.2	110	90-110		
Reference (BEH0942-SRM1)					Prepared & Analyzed: 8/18/2023					
Nitrate Nitrogen as NO3N	10.2			mg/L	10.00		102	90-110		
Reference (BEH0942-SRM2)					Prepared & Analyzed: 8/18/2023					
Nitrate Nitrogen as NO3N	10.1			mg/L	10.00		101	90-110		

The results in this report apply to the samples as received and were analyzed in accordance with the chain of custody document. This analytical report must be reproduced in its entirety. All results listed in this report are for the exclusive use of the submitting party. Dellavalle Laboratory, Inc. assumes no responsibility for report alteration, separation, detachment or third party interpretation.

DELLAVALLE™
LABORATORY INC

Parkview Dairy
13640 Collier Rd
Delhi, CA 95315

Account# 00-0026157
Account Manager: Ben Nydam
Submitted By: F & R Ag Services
Ranch: Domestic Wells

Received: 08/17/2023 16:49
Reported: 08/24/2023 16:12

Quality Control
(Continued)

Analyte	Result	Qual	Reporting Limit	Units	Spike Level	Source Result	%REC	%REC Limits	RPD	RPD Limit
Batch: BEH0942 (Continued)										
Reference (BEH0942-SRM3)					Prepared: 8/18/2023	Analyzed: 8/19/2023				
Nitrate Nitrogen as NO3N	10.2			mg/L	10.00		102	90-110		
Reference (BEH0942-SRM4)					Prepared: 8/18/2023	Analyzed: 8/19/2023				
Nitrate Nitrogen as NO3N	10.2			mg/L	10.00		102	90-110		

The results in this report apply to the samples as received and were analyzed in accordance with the chain of custody document. This analytical report must be reproduced in its entirety. All results listed in this report are for the exclusive use of the submitting party. Dellavalle Laboratory, Inc. assumes no responsibility for report alteration, separation, detachment or third party interpretation.

DELLAVALLE™
LABORATORY INC

Parkview Dairy
13640 Collier Rd
Delhi, CA 95315

Account# 00-0026157
Account Manager: Ben Nydam
Submitted By: F & R Ag Services
Ranch: Domestic Wells

Received: 08/17/2023 16:49
Reported: 08/24/2023 16:12

Quality Control
(Continued)

Analyte	Result	Qual	Reporting Limit	Units	Spike Level	Source Result	%REC	%REC Limits	RPD	RPD Limit
Batch: BEH0950										
Blank (BEH0950-BLK1)					Prepared: 8/18/2023	Analyzed: 8/21/2023				
pH	5.3		1.0	units						
Electrical Conductivity	ND		0.01	mmhos/cm						
Electrical Conductivity umhos	ND		10.0	umhos/cm						
Temperature	25.0		0.0	°C						
Blank (BEH0950-BLK2)					Prepared: 8/18/2023	Analyzed: 8/21/2023				
Electrical Conductivity	ND		0.01	mmhos/cm						
pH	7.6		1.0	units						
Electrical Conductivity umhos	ND		10.0	umhos/cm						
Temperature	25.0		0.0	°C						
Blank (BEH0950-BLK3)					Prepared: 8/18/2023	Analyzed: 8/21/2023				
Electrical Conductivity	ND		0.01	mmhos/cm						
pH	7.4		1.0	units						
Electrical Conductivity umhos	ND		10.0	umhos/cm						
Temperature	25.0		0.0	°C						
Duplicate (BEH0950-DUP1)		**Source: 23H1684-01**			Prepared: 8/18/2023	Analyzed: 8/21/2023				
Electrical Conductivity	0.15		0.01	mmhos/cm		0.15			0.781	10
pH	7.6		1.0	units		7.6			0.393	10
Electrical Conductivity umhos	153		10.0	umhos/cm		154			0.781	10
Duplicate (BEH0950-DUP2)		**Source: 23H1684-03**			Prepared: 8/18/2023	Analyzed: 8/21/2023				
pH	7.6		1.0	units		7.6			0.393	10
Electrical Conductivity	0.39		0.01	mmhos/cm		0.40			0.761	10
Electrical Conductivity umhos	392		10.0	umhos/cm		396			0.761	10
Reference (BEH0950-SRM1)					Prepared: 8/18/2023	Analyzed: 8/21/2023				
Electrical Conductivity	508			umhos/cm	538.0		94.5	90-110		
Reference (BEH0950-SRM2)					Prepared: 8/18/2023	Analyzed: 8/21/2023				
pH	5.8			units	5.820		99.8	28178-101.71		
Reference (BEH0950-SRM3)					Prepared: 8/18/2023	Analyzed: 8/21/2023				
Electrical Conductivity	958			umhos/cm	1000		95.8	90-110		
Electrical Conductivity umhos	958			umhos/cm	1000		95.8	90-110		
Reference (BEH0950-SRM4)					Prepared: 8/18/2023	Analyzed: 8/21/2023				
Electrical Conductivity	958			umhos/cm	1000		95.8	90-110		
Electrical Conductivity umhos	958			umhos/cm	1000		95.8	90-110		
Reference (BEH0950-SRM5)					Prepared: 8/18/2023	Analyzed: 8/21/2023				
Electrical Conductivity	969			umhos/cm	1000		96.9	90-110		

The results in this report apply to the samples as received and were analyzed in accordance with the chain of custody document. This analytical report must be reproduced in its entirety. All results listed in this report are for the exclusive use of the submitting party. Dellavalle Laboratory, Inc. assumes no responsibility for report alteration, separation, detachment or third party interpretation.

DELLAVALLE™
LABORATORY INC

Parkview Dairy
13640 Collier Rd
Delhi, CA 95315

Account# 00-0026157
Account Manager: Ben Nydam
Submitted By: F & R Ag Services
Ranch: Domestic Wells

Received: 08/17/2023 16:49
Reported: 08/24/2023 16:12

Quality Control
(Continued)

Analyte	Result	Qual	Reporting Limit	Units	Spike Level	Source Result	%REC	%REC Limits	RPD	RPD Limit
Batch: BEH0950 (Continued)										
Reference (BEH0950-SRM5)					Prepared: 8/18/2023	Analyzed: 8/21/2023				
Electrical Conductivity umhos	969			umhos/cm	1000		96.9	90-110		
Reference (BEH0950-SRM6)					Prepared: 8/18/2023	Analyzed: 8/21/2023				
pH	4.0			units	4.000		100	97.5-102.5		
Reference (BEH0950-SRM7)					Prepared: 8/18/2023	Analyzed: 8/21/2023				
pH	4.0			units	4.000		100	97.5-102.5		
Reference (BEH0950-SRM8)					Prepared: 8/18/2023	Analyzed: 8/21/2023				
pH	4.0			units	4.000		100	97.5-102.5		

The results in this report apply to the samples as received and were analyzed in accordance with the chain of custody document. This analytical report must be reproduced in its entirety. All results listed in this report are for the exclusive use of the submitting party. Dellavalle Laboratory, Inc. assumes no responsibility for report alteration, separation, detachment or third party interpretation.

DELLAVALLE™
LABORATORY INC

Parkview Dairy
13640 Collier Rd
Delhi, CA 95315

Account# 00-0026157
Account Manager: Ben Nydam
Submitted By: F & R Ag Services
Ranch: Domestic Wells

Received: 08/17/2023 16:49
Reported: 08/24/2023 16:12

Quality Control
(Continued)

Analyte	Result	Qual	Reporting Limit	Units	Spike Level	Source Result	%REC	%REC Limits	RPD	RPD Limit
Batch: BEH1052										
Blank (BEH1052-BLK1)					Prepared: 8/22/2023	Analyzed: 8/23/2023				
Kjeldahl Nitrogen (TKN), Total	ND		1.00	mg/L						
Total Nitrogen	ND		1.00	mg/L						
Blank (BEH1052-BLK2)					Prepared: 8/22/2023	Analyzed: 8/23/2023				
Kjeldahl Nitrogen (TKN), Total	ND		1.00	mg/L						
Total Nitrogen	ND		1.00	mg/L						
LCS (BEH1052-BS1)					Prepared: 8/22/2023	Analyzed: 8/23/2023				
Kjeldahl Nitrogen (TKN), Total	5.83		1.00	mg/L	5.709		102	90-110		
LCS (BEH1052-BS2)					Prepared: 8/22/2023	Analyzed: 8/23/2023				
Kjeldahl Nitrogen (TKN), Total	5.84		1.00	mg/L	5.709		102	90-110		
Duplicate (BEH1052-DUP1)		**Source: 23H1667-02**			Prepared: 8/22/2023	Analyzed: 8/23/2023				
Kjeldahl Nitrogen (TKN), Total	13.8		3.50	mg/L		13.6			1.92	10
Duplicate (BEH1052-DUP2)		**Source: 23H1712-02**			Prepared: 8/22/2023	Analyzed: 8/23/2023				
Kjeldahl Nitrogen (TKN), Total	ND		1.40	mg/L		ND				10
Matrix Spike (BEH1052-MS1)		**Source: 23H1667-02**			Prepared: 8/22/2023	Analyzed: 8/23/2023				
Kjeldahl Nitrogen (TKN), Total	24.8		3.50	mg/L	9.990	13.6	112	90-110		
Matrix Spike (BEH1052-MS2)		**Source: 23H1712-02**			Prepared: 8/22/2023	Analyzed: 8/23/2023				
Kjeldahl Nitrogen (TKN), Total	8.39		1.40	mg/L	7.992	ND	105	90-110		
Reference (BEH1052-SRM1)					Prepared: 8/22/2023	Analyzed: 8/23/2023				
Kjeldahl Nitrogen (TKN), Total	24.0			mg/L	23.80		101	90-110		

The results in this report apply to the samples as received and were analyzed in accordance with the chain of custody document. This analytical report must be reproduced in its entirety. All results listed in this report are for the exclusive use of the submitting party. Dellavalle Laboratory, Inc. assumes no responsibility for report alteration, separation, detachment or third party interpretation.

08/17/23 16:49 23H1656

DELLAVALLE LABORATORY, INC.

1910 W. McKinley Avenue, Suite 110 • Fresno, CA 93728
www.dellavallelab.com 559 233-6129 • 800 228-9896 • Fax 559 268-8174

JG

No. of **Water** Samples 4 No. of Bottles 4

Water Type: [ ] Drinking Water [ ] Wastewater
[ ] Ag Water [X] Groundwater [ ] Monitoring Well
[ ] Supply Water

Other: No. of Samples **Soil** ____ **Tissue** ____ **Manure** ____

Logged By ____ Results Needed By ____

BILL TO 26157 / 09 08 ____
Acct#/Cons. Purchase Order No

PARKVIEW DAIRY
Company Name

13640 COLLIER RD.
Address

DELHI, CA 95315
City, State Zip

Telephone Fax

Cell/Email

REQUESTED BY F&R Ag Services

PROJECT DOMESTIC WELLS

Crop ____ Intended ____

Sampled By JACOB DE JONG

Analysis and Bottles Required:

[X] Well Water **(DWW1)** - EC, NO_3-N, Field NH_4-N, if detected run NH_4-N (1-1 liter plastic, unpreserved) **(Annually)**
[ ] Well Water **(DWW2)** - DWW1 plus HCO_3, CO_3, Cl, SO_4, Dissolved: Ca, Mg, Na, TDS (1-1 liter plastic, unpreserved) **(Every 5 yrs)**
[ ] Process Water **(DPW1)** - EC, NO_3-N, NH_4-N, TKN, TDS, TP, TK (1-1 liter plastic, unpreserved) **(Quarterly)**
[ ] Process Water **(DPW2)** - DPW1 plus CO_3, HCO_3, Cl, SO_4, Total: Ca, Mg, Na, (1-1 liter plastic, unpreserved) **(Every 2 yrs)**
[ ] Canal Water **(DCW1)**-EC, NO_3-N,TKN,TN,TDS (1-1 liter plastic,unpreserved)
[ ] Water – EC, NO_3-N, TDS, TP (1-1 liter plastic, unpreserved)
[ ] Manure **(DM1)** - N, P, K, Moisture **(2x/yr)**
[ ] Manure **(DM2)** - DM1 plus Ash, Ca, Mg, Na, S, Cl **(Every 2 yrs)**
[ ] Compost **(OSA2)** – Moisture, N, P, K, Ash, OM, C:N ratio, Ca, Mg, Na, Fe, Cu, Mn, Zn, S
[ ] Harvest Tissue **(CRA1)** - Moisture , N, P, K, Ash
[ ] Tissue – % Moisture
[ ] Fall Soil – **(DS2)** - FA1 (0-1') **plus CEC, OM**; NO_3-N (1-2')
[ ] OTHER:

COPIES TO: labs@fragservices.com, slocke@fragservices.com
[ ] Co Health Dept
[ ] RWQCB [X] Copy of Chain
[ ] State Forms [ ] QA/QC Documents

Description of Sample	Field NH_4-N	Date/Time Sampled	Rec'd Temp °C
1. DW - DAIRY WEST		8/17 8:40	-0.7
2. DW - DAIRY EAST		8:45	-0.9
3. DW - SHOP		8:50	-0.8
4. DW - JACOB		9:00	-0.4
5			
6.			~~-0.7~~
7.			
8.			
9.			
10.			

IR Thermometer SN: 200560723
Correction Factor: 0°C
Calibration Due: 9/26/2023
Location: Laboratory

CHAIN OF CUSTODY

Carrier	Signature	Company	Received (Date/Time)	Relinquished (Date/Time)
First	[signature]	F+R	8/17 9:30	
Second	[signature]	DLV	8-17-23 10:36	8-17-23 3:45
Third				
Fourth	[signature]	DL2	8/17/23 16:49	

I guarantee that as the client, or on behalf of client named, I have the authority to contract the above requested services. Should it be found that I do not have such authority, I agree to be personally liable for all costs and, if there should be action against me for this breach, reasonable attorneys' fees. It is understood that payment is expected to be cash with samples unless terms have been previously arranged. Terms are net 30 days; overdue accounts will be charged a dated damage fee of 2% per month (annually 24%) or $5.00 per month whichever is greater.

If payment is not made when due and a legitimate dispute exists concerning the product or services of Dellavalle Laboratory, Inc., it will be submitted to mediation under the Rules and Procedures of Creative Alternative to Litigation, Inc (*cal*). If the dispute is not resolved in mediation, then the dispute will be submitted to binding arbitration through *cal* under its Rules and Procedures. The parties will equally bear the costs of mediation/arbitration. If, however, the mediator declares that no legitimate dispute exists, then debtor will pay all mediation and arbitration costs, and in the event of arbitration, reasonable attorneys' fees of Dellavalle Laboratory

Invoicing Information:

Shipping
$____ In
$____ Out

Amt Paid ____ Rec By ____ Check # ____ Date ____

Signature ____

08/17/23 16:49 23H1656

Shipping Information: Shipped In ☐ Picked-Up ☒ Walk In ☐ DLI Sampler ☐ Other ☐ _____

☐ Samples refridgerated before pick up | ☐ Picked up samples placed in Ice chest

Container: Ice Chest ☒ Box ☐ None ☐ | **Refrigerant:** Wet Ice ☒ Blue Ice ☐ None ☐

Samples Preserved with HNO_3 or H_2SO_4 were: ☐ Received Preserved ☐ Preserved Upon Receipt at Laboratory

	Type of Container(s) Received	Sample Number 1	2	3	4	5	6	7	8	9	10
	Sample Containers for Internal (DLI) Use *(Containers that go into the Lab)*										
Plastics	100 mL sterile plastic $Na_2S_2O_3$ (Green)										
Plastics	250 mL unpreserved (White) Plastic	1	1	1	1						
Plastics	250 mL HNO_3 (Red) Plastic										
Plastics	* pH Value										
Plastics	250 mL H_2SO_4 (Yellow) Plastic	1	1	1	1						
Plastics	* pH Value	<2	<2	<2	<2						
Plastics	500 mL unpreserved (White) Plastic										
Plastics	1 L unpreserved (White) Plastic										
Plastics	1 L unpreserved (BOD) (Purple) Plastic										
Special	500mL unpreserved (White) Glass										
Special	PO4-P Kit										
Special	**Other:**										
	Sample Containers for Subcontracted ("Send Out") Analyses *(Containers that go in the Subcontract ("Send Out") Refrigerator)*										
Plastics	100 mL sterile plastic $Na_2S_2O_3$ (Green)										
Plastics	250 mL unpreserved (White) Plastic										
Plastics	250 mL HNO_3 (Red) Plastic										
Plastics	250 mL H_2SO_4 (Yellow) Plastic										
Plastics	500 mL HNO_3 (Red)										
Plastics	1 L unpreserved (White) Plastic										
Plastics	1 L unpreserved (BOD) (Purple) Plastic										
Plastics	1 L HNO_3 (Red)										
VOA Vials	40 mL VOA, $Na_2S_2O_3$ + MCAA (EPA531)										
VOA Vials	40 mL VOA, $Na_2S_2O_3$ (EPA547)										
VOA Vials	40mL AG VOA unpreserved (White) (Set of 3)										
VOA Vials	40 mL AG VOA, $Na_2S_2O_3$ (Green) (Set of 3)										
VOA Vials	40mL VOA, H_3PO_4 (Set of 3)										
VOA Vials	40 mL VOA, HCl (Blue) (Set of 3)										
VOA Vials	40 mL VOA, $Na_2S_2O_3$ (Green) (Set of 3)										
Glass	250 mL AG unpreserved (White)										
Glass	250 mL AG H_2SO_4 (Yellow)										
Glass	250 mL AG $Na_2S_2O_3$ (Green)										
Glass	250 mL AG $Na_2S_2O_3$ + MCAA										
Glass	500 mL glass unpreserved (White)										
Glass	500 mL AG HCl (Blue)										
Glass	1 L AG unpreserved (White)										
Glass	1 L AG H_2SO_4 (Yellow)										
Glass	1 L AG $Na_2S_2O_3$ (Green)										
Glass	1 L AG HCl (Blue)										
Special	Cr^{6+} - 50mL Plastic w/Borate/HCO_3/CO_3										
Special	Cyanide - 500 mL NaOH										
Special	Asbestos - 1L P wrapped in foil (Set of 2)										
Special	Sulfide - 1 L **AG** or **P** NaOH + ZnAc										
Special	Chlorite/Bromate - 250 mL AG with EDA										
Special	HAA5 - 250mL AG Ammonium Chlorite										
Special	DO KIT										
Special	**Other:**										
Special	**Other:**										

pH Strips
Lot: 10BDH4501 Exp: Jan 2025

SEND OUT

DELLAVALLE™
LABORATORY INC

Parkview Dairy
13640 Collier Rd
Delhi, CA 95315

Account# 00-0026157
Account Manager: Ben Nydam
Submitted By: F & R Ag Services
Ranch: Ag Wells

Received: 08/17/2023 16:49
Reported: 08/24/2023 10:18

Samples in this Report

Lab ID	Sample	Matrix	Sampled By	Crop	Date Sampled
23H1654-01	IW - Field 1	Ag Water	Jacob DeJong		08/17/2023 7:30
23H1654-02	IW - Field 10	Ag Water	Jacob DeJong		08/17/2023 7:45
23H1654-03	IW - Field 15	Ag Water	Jacob DeJong		08/17/2023 8:00
23H1654-04	IW - Field 19	Ag Water	Jacob DeJong		08/17/2023 8:15
23H1654-05	IW - Field 23	Ag Water	Jacob DeJong		08/17/2023 8:30

Default Cooler Temperature on Receipt °C: -1.0
Containers Intact
COC/Labels Agree

Notes and Definitions

Item	Definition
H	Hold Time Exceeded
MCL	Drinking Water Maximum Contaminant Level
ND	Analyte NOT DETECTED at or above the reporting limit.
NES	Not Enough Sample
*	Not Taken
RPD	Relative Percent Difference
%REC	Percent Recovery
Source	Sample that was matrix spiked or duplicated.

Scott McFriedland

Laboratory Director/Technical Manager

ELAP Certification #1595
A2LA Certification #6440.02

The results in this report apply to the samples as received and were analyzed in accordance with the chain of custody document. This analytical report must be reproduced in its entirety. All results listed in this report are for the exclusive use of the submitting party. Dellavalle Laboratory, Inc. assumes no responsibility for report alteration, separation, detachment or third party interpretation.

DELLAVALLE™
LABORATORY INC

Parkview Dairy
13640 Collier Rd
Delhi, CA 95315

Account# 00-0026157
Account Manager: Ben Nydam
Submitted By: F & R Ag Services
Ranch: Ag Wells

Received: 08/17/2023 16:49
Reported: 08/24/2023 10:18

Sample Results

Sample: IW - Field 1
23H1654-01 (Water)

Sampled: 8/17/2023 7:30
Sampled By: Jacob DeJong

Analyte	Result	Units	Reporting Limit	DIL	DW MCL	Date/Time Analyzed	Method	Notes	Batch
Electrical Conductivity	**0.59**	mmhos/cm	0.01	1		08/18/23 18:12	SM 2510 B		BEH0919
Electrical Conductivity umhos	**591**	umhos/cm	10.0	1		08/18/23 18:12	SM 2510 B		BEH0919
Nitrate Nitrogen as NO3N	**28.5**	mg/L	0.1	1	10	08/18/23 19:23	EPA 300.0		BEH0942
pH	**7.9**	units	1.0	1		08/18/23 18:12	SM 4500-H+	H	BEH0919
Total Filterable Solids (TDS)	**405**	mg/L	10.0	1		08/23/23 15:00	SM 2540 C		BEH0981
Temperature	**25.0**	°C	0.0	1		08/18/23 18:12	SM 2510 B		BEH0919
Kjeldahl Nitrogen (TKN), Total	ND	mg/L	1.00	1		08/22/23 14:21	SM 4500-NH3 C		BEH0988
Total Nitrogen	**28.5**	mg/L	1.00	1		08/22/23 14:21	SM 4500-NH3 C		BEH0988

The results in this report apply to the samples as received and were analyzed in accordance with the chain of custody document. This analytical report must be reproduced in its entirety. All results listed in this report are for the exclusive use of the submitting party. Dellavalle Laboratory, Inc. assumes no responsibility for report alteration, separation, detachment or third party interpretation.

DELLAVALLE™
LABORATORY INC

Parkview Dairy
13640 Collier Rd
Delhi, CA 95315

Account# 00-0026157
Account Manager: Ben Nydam
Submitted By: F & R Ag Services
Ranch: Ag Wells

Received: 08/17/2023 16:49
Reported: 08/24/2023 10:18

Sample Results
(Continued)

Sample: IW - Field 10
23H1654-02 (Water)

Sampled: 8/17/2023 7:45
Sampled By: Jacob DeJong

Analyte	Result	Units	Reporting Limit	DIL	DW MCL	Date/Time Analyzed	Method	Notes	Batch
Electrical Conductivity	**0.58**	mmhos/cm	0.01	1		08/18/23 18:14	SM 2510 B		BEH0919
Electrical Conductivity umhos	**585**	umhos/cm	10.0	1		08/18/23 18:14	SM 2510 B		BEH0919
Nitrate Nitrogen as NO3N	**19.8**	mg/L	0.1	1	10	08/18/23 19:43	EPA 300.0		BEH0942
pH	**7.9**	units	1.0	1		08/18/23 18:14	SM 4500-H+	H	BEH0919
Total Filterable Solids (TDS)	**405**	mg/L	10.0	1		08/23/23 15:00	SM 2540 C		BEH0981
Temperature	**25.0**	°C	0.0	1		08/18/23 18:14	SM 2510 B		BEH0919
Kjeldahl Nitrogen (TKN), Total	**4.98**	mg/L	1.00	1		08/22/23 14:23	SM 4500-NH3 C		BEH0988
Total Nitrogen	**24.8**	mg/L	1.00	1		08/22/23 14:23	SM 4500-NH3 C		BEH0988

The results in this report apply to the samples as received and were analyzed in accordance with the chain of custody document. This analytical report must be reproduced in its entirety. All results listed in this report are for the exclusive use of the submitting party. Dellavalle Laboratory, Inc. assumes no responsibility for report alteration, separation, detachment or third party interpretation.

DELLAVALLE™
LABORATORY INC

Parkview Dairy
13640 Collier Rd
Delhi, CA 95315

Account# 00-0026157
Account Manager: Ben Nydam
Submitted By: F & R Ag Services
Ranch: Ag Wells

Received: 08/17/2023 16:49
Reported: 08/24/2023 10:18

Sample Results
(Continued)

Sample: IW - Field 15
23H1654-03 (Water)

Sampled: 8/17/2023 8:00
Sampled By: Jacob DeJong

Analyte	Result	Units	Reporting Limit	DIL	DW MCL	Date/Time Analyzed	Method	Notes	Batch
Electrical Conductivity	**0.66**	mmhos/cm	0.01	1		08/18/23 18:15	SM 2510 B		BEH0919
Electrical Conductivity umhos	**658**	umhos/cm	10.0	1		08/18/23 18:15	SM 2510 B		BEH0919
Nitrate Nitrogen as NO3N	**31.4**	mg/L	0.1	1	10	08/18/23 20:03	EPA 300.0		BEH0942
pH	**7.6**	units	1.0	1		08/18/23 18:15	SM 4500-H+	H	BEH0919
Total Filterable Solids (TDS)	**490**	mg/L	10.0	1		08/23/23 15:00	SM 2540 C		BEH0981
Temperature	**25.0**	°C	0.0	1		08/18/23 18:15	SM 2510 B		BEH0919
Kjeldahl Nitrogen (TKN), Total	ND	mg/L	1.00	1		08/22/23 14:24	SM 4500-NH3 C		BEH0988
Total Nitrogen	**31.4**	mg/L	1.00	1		08/22/23 14:24	SM 4500-NH3 C		BEH0988

The results in this report apply to the samples as received and were analyzed in accordance with the chain of custody document. This analytical report must be reproduced in its entirety. All results listed in this report are for the exclusive use of the submitting party. Dellavalle Laboratory, Inc. assumes no responsibility for report alteration, separation, detachment or third party interpretation.

DELLAVALLE™
LABORATORY INC

Parkview Dairy
13640 Collier Rd
Delhi, CA 95315

Account# 00-0026157
Account Manager: Ben Nydam
Submitted By: F & R Ag Services
Ranch: Ag Wells

Received: 08/17/2023 16:49
Reported: 08/24/2023 10:18

Sample Results
(Continued)

Sample: IW - Field 19
23H1654-04 (Water)

Sampled: 8/17/2023 8:15
Sampled By: Jacob DeJong

Analyte	Result	Units	Reporting Limit	DIL	DW MCL	Date/Time Analyzed	Method	Notes	Batch
Electrical Conductivity	**0.96**	mmhos/cm	0.01	1		08/18/23 18:17	SM 2510 B		BEH0919
Electrical Conductivity umhos	**958**	umhos/cm	10.0	1		08/18/23 18:17	SM 2510 B		BEH0919
Nitrate Nitrogen as NO3N	**52.0**	mg/L	0.1	1	10	08/18/23 20:23	EPA 300.0		BEH0942
pH	**7.5**	units	1.0	1		08/18/23 18:17	SM 4500-H+	H	BEH0919
Total Filterable Solids (TDS)	**680**	mg/L	10.0	1		08/23/23 15:00	SM 2540 C		BEH0981
Temperature	**25.0**	°C	0.0	1		08/18/23 18:17	SM 2510 B		BEH0919
Kjeldahl Nitrogen (TKN), Total	ND	mg/L	1.00	1		08/22/23 14:25	SM 4500-NH3 C		BEH0988
Total Nitrogen	**52.0**	mg/L	1.00	1		08/22/23 14:25	SM 4500-NH3 C		BEH0988

The results in this report apply to the samples as received and were analyzed in accordance with the chain of custody document. This analytical report must be reproduced in its entirety. All results listed in this report are for the exclusive use of the submitting party. Dellavalle Laboratory, Inc. assumes no responsibility for report alteration, separation, detachment or third party interpretation.

DELLAVALLE™
LABORATORY INC

Parkview Dairy
13640 Collier Rd
Delhi, CA 95315

Account# 00-0026157
Account Manager: Ben Nydam
Submitted By: F & R Ag Services
Ranch: Ag Wells

Received: 08/17/2023 16:49
Reported: 08/24/2023 10:18

Sample Results
(Continued)

Sample: IW - Field 23
23H1654-05 (Water)

Sampled: 8/17/2023 8:30
Sampled By: Jacob DeJong

Analyte	Result	Units	Reporting Limit	DIL	DW MCL	Date/Time Analyzed	Method	Notes	Batch
Electrical Conductivity	**0.62**	mmhos/cm	0.01	1		08/18/23 18:18	SM 2510 B		BEH0919
Electrical Conductivity umhos	**619**	umhos/cm	10.0	1		08/18/23 18:18	SM 2510 B		BEH0919
Nitrate Nitrogen as NO3N	**20.5**	mg/L	0.1	1	10	08/18/23 20:42	EPA 300.0		BEH0942
pH	**7.8**	units	1.0	1		08/18/23 18:18	SM 4500-H+	H	BEH0919
Total Filterable Solids (TDS)	**430**	mg/L	10.0	1		08/23/23 15:00	SM 2540 C		BEH0981
Temperature	**25.0**	°C	0.0	1		08/18/23 18:18	SM 2510 B		BEH0919
Kjeldahl Nitrogen (TKN), Total	ND	mg/L	1.00	1		08/22/23 14:27	SM 4500-NH3 C		BEH0988
Total Nitrogen	**20.5**	mg/L	1.00	1		08/22/23 14:27	SM 4500-NH3 C		BEH0988

The results in this report apply to the samples as received and were analyzed in accordance with the chain of custody document. This analytical report must be reproduced in its entirety. All results listed in this report are for the exclusive use of the submitting party. Dellavalle Laboratory, Inc. assumes no responsibility for report alteration, separation, detachment or third party interpretation.

DELLAVALLE™
LABORATORY INC

Parkview Dairy
13640 Collier Rd
Delhi, CA 95315

Account# 00-0026157
Account Manager: Ben Nydam
Submitted By: F & R Ag Services
Ranch: Ag Wells

Received: 08/17/2023 16:49
Reported: 08/24/2023 10:18

Quality Control

Analyte	Result	Qual	Reporting Limit	Units	Spike Level	Source Result	%REC	%REC Limits	RPD	RPD Limit
Batch: BEH0919										
Blank (BEH0919-BLK1)					Prepared: 8/17/2023	Analyzed: 8/18/2023				
Electrical Conductivity	ND		0.01	mmhos/cm						
pH	5.0		1.0	units						
Temperature	25.0		0.0	°C						
Electrical Conductivity umhos	ND		10.0	umhos/cm						
Blank (BEH0919-BLK2)					Prepared: 8/17/2023	Analyzed: 8/18/2023				
Electrical Conductivity	ND		0.01	mmhos/cm						
pH	6.8		1.0	units						
Electrical Conductivity umhos	ND		10.0	umhos/cm						
Temperature	25.0		0.0	°C						
Blank (BEH0919-BLK3)					Prepared: 8/17/2023	Analyzed: 8/18/2023				
pH	5.4		1.0	units						
Electrical Conductivity	ND		0.01	mmhos/cm						
Electrical Conductivity umhos	ND		10.0	umhos/cm						
Temperature	25.0		0.0	°C						
Duplicate (BEH0919-DUP1)		**Source: 23H1632-01**			Prepared: 8/17/2023	Analyzed: 8/18/2023				
Electrical Conductivity	0.02		0.01	mmhos/cm		0.02			6.30	10
pH	7.8		1.0	units		7.9			1.02	10
Electrical Conductivity umhos	21.3		10.0	umhos/cm		20.0			6.30	10
Duplicate (BEH0919-DUP2)		**Source: 23H1667-01**			Prepared: 8/17/2023	Analyzed: 8/18/2023				
pH	5.2		1.0	units		5.2			0.00	10
Electrical Conductivity	0.47		0.01	mmhos/cm		0.47			0.466	10
Electrical Conductivity umhos	470		10.0	umhos/cm		473			0.466	10
Reference (BEH0919-SRM1)					Prepared: 8/17/2023	Analyzed: 8/18/2023				
Electrical Conductivity	517			umhos/cm	538.0		96.1	90-110		
Reference (BEH0919-SRM2)					Prepared: 8/17/2023	Analyzed: 8/18/2023				
pH	5.8			units	5.820		100	28178-101.71		
Reference (BEH0919-SRM3)					Prepared: 8/17/2023	Analyzed: 8/18/2023				
Electrical Conductivity	981			umhos/cm	1000		98.1	90-110		
Electrical Conductivity umhos	981			umhos/cm	1000		98.1	90-110		
Reference (BEH0919-SRM4)					Prepared: 8/17/2023	Analyzed: 8/18/2023				
Electrical Conductivity	990			umhos/cm	1000		99.0	90-110		
Electrical Conductivity umhos	990			umhos/cm	1000		99.0	90-110		
Reference (BEH0919-SRM5)					Prepared: 8/17/2023	Analyzed: 8/18/2023				
Electrical Conductivity	994			umhos/cm	1000		99.4	90-110		

The results in this report apply to the samples as received and were analyzed in accordance with the chain of custody document. This analytical report must be reproduced in its entirety. All results listed in this report are for the exclusive use of the submitting party. Dellavalle Laboratory, Inc. assumes no responsibility for report alteration, separation, detachment or third party interpretation.

DELLAVALLE™
LABORATORY INC

Parkview Dairy
13640 Collier Rd
Delhi, CA 95315

Account# 00-0026157
Account Manager: Ben Nydam
Submitted By: F & R Ag Services
Ranch: Ag Wells

Received: 08/17/2023 16:49
Reported: 08/24/2023 10:18

Quality Control
(Continued)

Analyte	Result	Qual	Reporting Limit	Units	Spike Level	Source Result	%REC	%REC Limits	RPD	RPD Limit
Batch: BEH0919 (Continued)										
Reference (BEH0919-SRM5)					Prepared: 8/17/2023	Analyzed: 8/18/2023				
Electrical Conductivity umhos	994			umhos/cm	1000		99.4	90-110		
Reference (BEH0919-SRM6)					Prepared: 8/17/2023	Analyzed: 8/18/2023				
pH	4.0			units	4.000		100	97.5-102.5		
Reference (BEH0919-SRM7)					Prepared: 8/17/2023	Analyzed: 8/18/2023				
pH	4.0			units	4.000		100	97.5-102.5		
Reference (BEH0919-SRM8)					Prepared: 8/17/2023	Analyzed: 8/18/2023				
pH	4.0			units	4.000		100	97.5-102.5		

The results in this report apply to the samples as received and were analyzed in accordance with the chain of custody document. This analytical report must be reproduced in its entirety. All results listed in this report are for the exclusive use of the submitting party. Dellavalle Laboratory, Inc. assumes no responsibility for report alteration, separation, detachment or third party interpretation.

DELLAVALLE™
LABORATORY INC

Parkview Dairy
13640 Collier Rd
Delhi, CA 95315

Account# 00-0026157
Account Manager: Ben Nydam
Submitted By: F & R Ag Services
Ranch: Ag Wells

Received: 08/17/2023 16:49
Reported: 08/24/2023 10:18

Quality Control
(Continued)

Analyte	Result	Qual	Reporting Limit	Units	Spike Level	Source Result	%REC	%REC Limits	RPD	RPD Limit
Batch: BEH0942										
Blank (BEH0942-BLK1)					Prepared & Analyzed: 8/18/2023					
Nitrate Nitrogen as NO3N	ND		0.1	mg/L						
Blank (BEH0942-BLK2)					Prepared & Analyzed: 8/18/2023					
Nitrate Nitrogen as NO3N	ND		0.1	mg/L						
Blank (BEH0942-BLK3)					Prepared: 8/18/2023 Analyzed: 8/19/2023					
Nitrate Nitrogen as NO3N	ND		0.1	mg/L						
Blank (BEH0942-BLK4)					Prepared: 8/18/2023 Analyzed: 8/19/2023					
Nitrate Nitrogen as NO3N	ND		0.1	mg/L						
LCS (BEH0942-BS1)					Prepared & Analyzed: 8/18/2023					
Nitrate Nitrogen as NO3N	5.0		0.1	mg/L	5.000		100	90-110		
LCS (BEH0942-BS2)					Prepared: 8/18/2023 Analyzed: 8/19/2023					
Nitrate Nitrogen as NO3N	5.0		0.1	mg/L	5.000		101	90-110		
LCS (BEH0942-BS3)					Prepared: 8/18/2023 Analyzed: 8/19/2023					
Nitrate Nitrogen as NO3N	5.0		0.1	mg/L	5.000		101	90-110		
Duplicate (BEH0942-DUP1)		**Source: 23H0205-02**			Prepared & Analyzed: 8/18/2023					
Nitrate Nitrogen as NO3N	5.7		0.1	mg/L		5.7			1.14	10
Duplicate (BEH0942-DUP2)		**Source: 23H1680-02**			Prepared: 8/18/2023 Analyzed: 8/19/2023					
Nitrate Nitrogen as NO3N	0.5		0.1	mg/L		0.5			1.49	10
Duplicate (BEH0942-DUP3)		**Source: 23H1761-01**			Prepared: 8/18/2023 Analyzed: 8/19/2023					
Nitrate Nitrogen as NO3N	3.1		0.1	mg/L		3.2			1.08	10
Matrix Spike (BEH0942-MS1)		**Source: 23H0205-02**			Prepared & Analyzed: 8/18/2023					
Nitrate Nitrogen as NO3N	11.1		0.1	mg/L	5.000	5.7	108	90-110		
Matrix Spike (BEH0942-MS2)		**Source: 23H1680-02**			Prepared: 8/18/2023 Analyzed: 8/19/2023					
Nitrate Nitrogen as NO3N	5.5		0.1	mg/L	5.000	0.5	99.8	90-110		
Matrix Spike (BEH0942-MS3)		**Source: 23H1761-01**			Prepared: 8/18/2023 Analyzed: 8/19/2023					
Nitrate Nitrogen as NO3N	8.7		0.1	mg/L	5.000	3.2	110	90-110		
Reference (BEH0942-SRM1)					Prepared & Analyzed: 8/18/2023					
Nitrate Nitrogen as NO3N	10.2			mg/L	10.00		102	90-110		
Reference (BEH0942-SRM2)					Prepared & Analyzed: 8/18/2023					
Nitrate Nitrogen as NO3N	10.1			mg/L	10.00		101	90-110		

The results in this report apply to the samples as received and were analyzed in accordance with the chain of custody document. This analytical report must be reproduced in its entirety. All results listed in this report are for the exclusive use of the submitting party. Dellavalle Laboratory, Inc. assumes no responsibility for report alteration, separation, detachment or third party interpretation.

DELLAVALLE™
LABORATORY INC

Parkview Dairy
13640 Collier Rd
Delhi, CA 95315

Account# 00-0026157
Account Manager: Ben Nydam
Submitted By: F & R Ag Services
Ranch: Ag Wells

Received: 08/17/2023 16:49
Reported: 08/24/2023 10:18

Quality Control
(Continued)

Analyte	Result	Qual	Reporting Limit	Units	Spike Level	Source Result	%REC	%REC Limits	RPD	RPD Limit
Batch: BEH0942 (Continued)										
Reference (BEH0942-SRM3)					Prepared: 8/18/2023	Analyzed: 8/19/2023				
Nitrate Nitrogen as NO3N	10.2			mg/L	10.00		102	90-110		
Reference (BEH0942-SRM4)					Prepared: 8/18/2023	Analyzed: 8/19/2023				
Nitrate Nitrogen as NO3N	10.2			mg/L	10.00		102	90-110		

The results in this report apply to the samples as received and were analyzed in accordance with the chain of custody document. This analytical report must be reproduced in its entirety. All results listed in this report are for the exclusive use of the submitting party. Dellavalle Laboratory, Inc. assumes no responsibility for report alteration, separation, detachment or third party interpretation.

DELLAVALLE™
LABORATORY INC

Parkview Dairy
13640 Collier Rd
Delhi, CA 95315

Account# 00-0026157
Account Manager: Ben Nydam
Submitted By: F & R Ag Services
Ranch: Ag Wells

Received: 08/17/2023 16:49
Reported: 08/24/2023 10:18

Quality Control
(Continued)

Analyte	Result	Qual	Reporting Limit	Units	Spike Level	Source Result	%REC	%REC Limits	RPD	RPD Limit
Batch: BEH0981										
Blank (BEH0981-BLK1)					Prepared: 8/21/2023	Analyzed: 8/23/2023				
Total Filterable Solids (TDS)	ND		10.0	mg/L						
LCS (BEH0981-BS1)					Prepared: 8/21/2023	Analyzed: 8/23/2023				
Total Filterable Solids (TDS)	32.5		10.0	mg/L	2000		1.62	0-200		
Duplicate (BEH0981-DUP1)		**Source: 23H1633-02**			Prepared: 8/21/2023	Analyzed: 8/23/2023				
Total Filterable Solids (TDS)	3550		10.0	mg/L		3280			7.80	10
Duplicate (BEH0981-DUP2)		**Source: 23H1667-02**			Prepared: 8/21/2023	Analyzed: 8/23/2023				
Total Filterable Solids (TDS)	950		10.0	mg/L		950			0.00	10
Reference (BEH0981-SRM1)					Prepared: 8/21/2023	Analyzed: 8/23/2023				
Total Filterable Solids (TDS)	330			mg/L	325.0		102	90-110		
Reference (BEH0981-SRM2)					Prepared: 8/21/2023	Analyzed: 8/23/2023				
Total Filterable Solids (TDS)	490			mg/L	495.0		99.0	90-110		

The results in this report apply to the samples as received and were analyzed in accordance with the chain of custody document. This analytical report must be reproduced in its entirety. All results listed in this report are for the exclusive use of the submitting party. Dellavalle Laboratory, Inc. assumes no responsibility for report alteration, separation, detachment or third party interpretation.

DELLAVALLE™
LABORATORY INC

Parkview Dairy
13640 Collier Rd
Delhi, CA 95315

Account# 00-0026157
Account Manager: Ben Nydam
Submitted By: F & R Ag Services
Ranch: Ag Wells

Received: 08/17/2023 16:49
Reported: 08/24/2023 10:18

Quality Control
(Continued)

Analyte	Result	Qual	Reporting Limit	Units	Spike Level	Source Result	%REC	%REC Limits	RPD	RPD Limit
Batch: BEH0988										
Blank (BEH0988-BLK1)					Prepared: 8/21/2023	Analyzed: 8/22/2023				
Kjeldahl Nitrogen (TKN), Total	ND		1.00	mg/L						
Total Nitrogen	ND		1.00	mg/L						
Blank (BEH0988-BLK2)					Prepared: 8/21/2023	Analyzed: 8/22/2023				
Kjeldahl Nitrogen (TKN), Total	ND		1.00	mg/L						
Total Nitrogen	ND		1.00	mg/L						
Blank (BEH0988-BLK3)					Prepared: 8/21/2023	Analyzed: 8/22/2023				
Kjeldahl Nitrogen (TKN), Total	ND		1.00	mg/L						
Total Nitrogen	ND		1.00	mg/L						
LCS (BEH0988-BS1)					Prepared: 8/21/2023	Analyzed: 8/22/2023				
Kjeldahl Nitrogen (TKN), Total	5.31		1.00	mg/L	5.709		93.0	90-110		
LCS (BEH0988-BS2)					Prepared: 8/21/2023	Analyzed: 8/22/2023				
Kjeldahl Nitrogen (TKN), Total	5.40		1.00	mg/L	5.709		94.6	90-110		
Duplicate (BEH0988-DUP1)		**Source: 23H1497-03**			Prepared: 8/21/2023	Analyzed: 8/22/2023				
Kjeldahl Nitrogen (TKN), Total	ND		1.40	mg/L		ND				10
Duplicate (BEH0988-DUP2)		**Source: 23H1633-02**			Prepared: 8/21/2023	Analyzed: 8/22/2023				
Kjeldahl Nitrogen (TKN), Total	328		7.00	mg/L		320			2.35	10
Matrix Spike (BEH0988-MS1)		**Source: 23H1497-03**			Prepared: 8/21/2023	Analyzed: 8/22/2023				
Kjeldahl Nitrogen (TKN), Total	8.48		1.40	mg/L	7.992	ND	106	90-110		
Matrix Spike (BEH0988-MS2)		**Source: 23H1633-02**			Prepared: 8/21/2023	Analyzed: 8/22/2023				
Kjeldahl Nitrogen (TKN), Total	342		7.00	mg/L	19.98	320	108	90-110		
Reference (BEH0988-SRM1)					Prepared: 8/21/2023	Analyzed: 8/22/2023				
Kjeldahl Nitrogen (TKN), Total	24.3			mg/L	23.80		102	90-110		

The results in this report apply to the samples as received and were analyzed in accordance with the chain of custody document. This analytical report must be reproduced in its entirety. All results listed in this report are for the exclusive use of the submitting party. Dellavalle Laboratory, Inc. assumes no responsibility for report alteration, separation, detachment or third party interpretation.

08/17/23 16:49 23H1654

JG

DELLAVALLE LABORATORY, INC.

1910 W. McKinley Avenue, Suite 110 • Fresno, CA 93728
www.dellavallelab.com 559 233-6129 • 800 228-9896 • Fax 559 268-8174

8/17/23

No. of **Water** Samples 5 No. of Bottles 5 10

Water Type: [ ] Drinking Water [ ] Wastewater
[X] Ag Water [ ] Groundwater [ ] Monitoring Well
[ ] Supply Water

Other: No. of Samples **Soil** ____ **Tissue** ____ **Manure** ____

Logged By ____ Results Needed By ____

BILL TO: 261571/00 108
Acct#/Cons. Purchase Order No

PARKVIEW DAIRY
Company Name

13640 COLLIER RD.
Address

DELHI, CA 95315
City, State Zip

Telephone Fax

Cell/Email

REQUESTED BY F&R Ag Services

PROJECT AG WELLS

Crop ____ Intended ____

Sampled By JACOB DE JONG

Analysis and Bottles Required:

[ ] Well Water **(DWW1)** - EC, NO_3-N, Field NH_4-N, if detected run NH_4-N (1-1 liter plastic, unpreserved) **(Annually)**
[ ] Well Water **(DWW2)** - DWW1 plus HCO_3, CO_3, Cl, SO_4, Dissolved: Ca, Mg, Na, TDS (1-1 liter plastic, unpreserved) **(Every 5 yrs)**
[ ] Process Water **(DPW1)** - EC, NO_3-N, NH_4-N, TKN, TDS, TP, TK (1-1 liter plastic, unpreserved) **(Quarterly)**
[ ] Process Water **(DPW2)** - DPW1 plus CO_3, HCO_3, Cl, SO_4, Total: Ca, Mg, Na, (1-1 liter plastic, unpreserved) **(Every 2 yrs)**
[X] Canal Water **(DCW1)**-EC, NO_3-N,TKN,TN,TDS (1-1 liter plastic,unpreserved)
[ ] Water – EC, NO_3-N, TDS, TP (1-1 liter plastic, unpreserved)
[ ] Manure **(DM1)** - N, P, K, Moisture **(2x/yr)**
[ ] Manure **(DM2)** - DM1 plus Ash, Ca, Mg, Na, S, Cl **(Every 2 yrs)**
[ ] Compost **(OSA2)** – Moisture, N, P, K, Ash, OM, C:N ratio, Ca, Mg, Na, Fe, Cu, Mn, Zn, S
[ ] Harvest Tissue **(CRA1)** - Moisture , N, P, K, Ash
[ ] Tissue – % Moisture
[ ] Fall Soil – **(DS2)** - FA1 (0-1') **plus CEC, OM**; NO_3-N (1-2')
[ ] OTHER:

COPIES TO: labs@fragservices.com, slocke@fragservices.com
[ ] Co Health Dept
[ ] RWQCB [X] Copy of Chain
[ ] State Forms [ ] QA/QC Documents

Description of Sample	Field NH_4-N	Date/Time Sampled	Rec'd Temp °C
1. IW-FIELD 1		8/17 7:30	-1.0
2. IW-FIELD 10		7:45	-1.5
3. IW-FIELD 15		8:00	-1.6
4. IW-FIELD 19		8:15	-1.5
5. IW-FIELD 23		8:30	-1.5
6.			
7.			
8.			
9.			
10.			

IR Thermometer SN: 200560723
Correction Factor: 0°C
Calibration Due: 9/26/2023
Location: Laboratory

CHAIN OF CUSTODY

Carrier	Signature	Company	Received (Date/Time)	Relinquished (Date/Time)
First	[signature]	F+R	8/17 9:30	
Second	JLF	DLV	8-17-23 10:36	8-17-23 3:45
Third				
Fourth	[signature]	DLL	8/17/23 16:49	

I guarantee that as the client, or on behalf of client named, I have the authority to contract the above requested services. Should it be found that I do not have such authority, I agree to be personally liable for all costs and, if there should be action against me for this breach, reasonable attorneys' fees. It is understood that payment is expected to be cash with samples unless terms have been previously arranged. Terms are net 30 days; overdue accounts will be charged a dated damage fee of 2% per month (annually 24%) or $5.00 per month whichever is greater.

If payment is not made when due and a legitimate dispute exists concerning the product or services of Dellavalle Laboratory, Inc., it will be submitted to mediation under the Rules and Procedures of Creative Alternative to Litigation, Inc. (*cal*). If the dispute is not resolved in mediation, then the dispute will be submitted to binding arbitration through *cal* under its Rules and Procedures. The parties will equally bear the costs of mediation/arbitration. If, however, the mediator declares that no legitimate dispute exists, then debtor will pay all mediation and arbitration costs, and in the event of arbitration, reasonable attorneys' fees of Dellavalle Laboratory.

Invoicing Information:

Shipping
$____ In
$____ Out

Amt Paid ____ Rec By ____ Check # ____ Date ____

Signature

08/17/23 16:49 23H1654

Shipping Information: Shipped In ☒ Picked-Up ☐ Walk In ☐ DLI Sampler ☐ Other ☐ _____

☐ Samples refridgerated before pick up | ☐ Picked up samples placed in Ice chest

Container: Ice Chest ☒ Box ☐ None ☐ | **Refrigerant:** Wet Ice ☒ Blue Ice ☐ None ☐

Samples Preserved with HNO_3 or H_2SO_4 were: ☐ Received Preserved ☐ Preserved Upon Receipt at Laboratory

Type of Container(s) Received		Sample Number 1	2	3	4	5	6	7	8	9	10
Sample Containers for Internal (DLI) Use *(Containers that go into the Lab)*											
Plastics	100 mL sterile plastic $Na_2S_2O_3$ (Green)										
Plastics	250 mL unpreserved (White) Plastic	1	1	1	1	1					
Plastics	250 mL HNO_3 (Red) Plastic										
Plastics	* pH Value										
Plastics	250 mL H_2SO_4 (Yellow) Plastic	1	1	1	1	1					
Plastics	* pH Value	<2	<2	<2	<2	<2					
Plastics	500 mL unpreserved (White) Plastic										
Plastics	1 L unpreserved (White) Plastic										
Plastics	1 L unpreserved (BOD) (Purple) Plastic										
Special	500mL unpreserved (White) Glass										
Special	PO4-P Kit										
Special	**Other:**										
Sample Containers for Subcontracted ("Send Out") Analyses *(Containers that go in the Subcontract ("Send Out") Refrigerator)*											
Plastics	100 mL sterile plastic $Na_2S_2O_3$ (Green)										
Plastics	250 mL unpreserved (White) Plastic										
Plastics	250 mL HNO_3 (Red) Plastic										
Plastics	250 mL H_2SO_4 (Yellow) Plastic										
Plastics	500 mL HNO_3 (Red)										
Plastics	1 L unpreserved (White) Plastic										
Plastics	1 L unpreserved (BOD) (Purple) Plastic										
Plastics	1 L HNO_3 (Red)										
VOA Vials	40 mL VOA, $Na_2S_2O_3$ + MCAA (EPA531)										
VOA Vials	40 mL VOA, $Na_2S_2O_3$ (EPA547)										
VOA Vials	40mL AG VOA unpreserved (White) (Set of 3)										
VOA Vials	40 mL AG VOA, $Na_2S_2O_3$ (Green) (Set of 3)										
VOA Vials	40mL VOA, H_3PO_4 (Set of 3)										
VOA Vials	40 mL VOA, HCl (Blue) (Set of 3)										
VOA Vials	40 mL VOA, $Na_2S_2O_3$ (Green) (Set of 3)										
Glass	250 mL AG unpreserved (White)										
Glass	250 mL AG H_2SO_4 (Yellow)										
Glass	250 mL AG $Na_2S_2O_3$ (Green)										
Glass	250 mL AG $Na_2S_2O_3$ + MCAA										
Glass	500 mL glass unpreserved (White)										
Glass	500 mL AG HCl (Blue)										
Glass	1 L AG unpreserved (White)										
Glass	1 L AG H_2SO_4 (Yellow)										
Glass	1 L AG $Na_2S_2O_3$ (Green)										
Glass	1 L AG HCl (Blue)										
Special	Cr^{6+} - 50mL Plastic w/Borate/HCO_3/CO_3										
Special	Cyanide - 500 mL NaOH										
Special	Asbestos - 1L P wrapped in foil (Set of 2)										
Special	Sulfide - 1 L **AG** or **P** NaOH + ZnAc										
Special	Chlorite/Bromate - 250 mL AG with EDA										
Special	HAA5 - 250mL AG Ammonium Chlorite										
Special	DO KIT										
Special	**Other:**										
Special	**Other:**										

pH Strips
Lot: 10BDH4501 Exp: Jan 2025

SEND OUT

2023 Parkview Dairy Annual Report

Final Audit Report 2024-04-22

Created:	2024-04-22
By:	Sean Locke (slocke@fragservices.com)
Status:	Signed
Transaction ID:	CBJCHBCAABAArkgNcEwPb_gQegDpP4cdD1mqoW9X8xkM

"2023 Parkview Dairy Annual Report" History

Document created by Sean Locke (slocke@fragservices.com)
2024-04-22 - 7:00:45 PM GMT

Document emailed to jdejong207@gmail.com for signature
2024-04-22 - 7:03:31 PM GMT

Email viewed by jdejong207@gmail.com
2024-04-22 - 11:04:17 PM GMT

Signer jdejong207@gmail.com entered name at signing as Jacob de Jong
2024-04-22 - 11:09:59 PM GMT

Document e-signed by Jacob de Jong (jdejong207@gmail.com)
Signature Date: 2024-04-22 - 11:10:01 PM GMT - Time Source: server

Document emailed to mrfpvd@gmail.com for signature
2024-04-22 - 11:10:03 PM GMT

Email viewed by mrfpvd@gmail.com
2024-04-22 - 11:10:35 PM GMT

Signer mrfpvd@gmail.com entered name at signing as Henry te Velde
2024-04-22 - 11:11:15 PM GMT

Document e-signed by Henry te Velde (mrfpvd@gmail.com)
Signature Date: 2024-04-22 - 11:11:17 PM GMT - Time Source: server

Agreement completed.
2024-04-22 - 11:11:17 PM GMT