Annual Report - General Order No. R5-2007-0035
Reporting period 01/01/2023 to 12/31/2023.

DAIRY FACILITY INFORMATION

A. NAME OF DAIRY OR BUSINESS OPERATING THE DAIRY: Healy Ranch (Formally Guilherme Brasil Dairy)

Physical address of dairy:

Number and Street	City	County	Zip Code
13701 S Hwy 59	El Nido	Merced	95317

Street and nearest cross street (if no address):

Date facility was originally placed in operation: 01/01/1970

Regional Water Quality Control Board Basin Plan designation: San Joaquin River Basin

County Assessor Parcel Number(s) for dairy facility:

X074-X160-X040-XXXX

B. OPERATORS

DeJager, Edward

Operator name: DeJager, Edward

Telephone no.: Landline: ; Cellular: (209) 617-9978

Mailing Address Number and Street	City	State	Zip Code
6924 Healy RD	Merced	CA	95341

This operator is responsible for paying permit fees.

C. OWNERS

Brasil, Guilherme

Legal owner name: Brasil, Guilherme

Telephone no.: Landline: (209) 769-2078; Cellular:

Mailing Address Number and Street	City	State	Zip Code
13701 Hwy 59 HWY	El Nido	CA	95317

Annual Report - General Order No. R5-2007-0035
Reporting period 01/01/2023 to 12/31/2023.

AVAILABLE NUTRIENTS

A. HERD INFORMATION

	Milk Cows	Dry Cows	Bred Heifers (15-24 mo.)	Heifers (7-14 mo. to breeding)	Calves (4-6 mo.)	Calves (0-3 mo.)
Number open confinement	0	0	415	295	75	0
Number under roof	905	145	0	0	0	0
Maximum number	972	150	425	300	100	0
Average number	905	145	415	295	75	0
Avg live weight (lbs)	1,400	1,500	1,100	775		

Predominant milk cow breed: Holstein

Average milk production: 77 *pounds per cow per day*

B. MANURE GENERATED

Total manure excreted by the herd: 33,710.64 *tons per reporting period*

Total nitrogen from manure: 410,913.79 *lbs per reporting period*

After ammonia losses (30% loss applied): 287,639.65 *lbs per reporting period*

Total phosphorus from manure: 68,337.99 *lbs per reporting period*

Total potassium from manure: 177,477.95 *lbs per reporting period*

Total salt from manure: 459,462.00 *lbs per reporting period*

C. PROCESS WASTEWATER GENERATED

Process wastewater generated: 29,856,000 *gallons*

Total nitrogen generated: 112,759.64 *lbs*

Total phosphorus generated: 17,461.01 *lbs*

Total potassium generated: 123,094.09 *lbs*

Total salt generated: 902,886.27 *lbs*

	29,856,000	*gallons applied*
+	0	*gallons exported*
-	0	*gallons imported*
=	29,856,000	*gallons generated*

D. FRESH WATER SOURCES

Source Description	Type
DW 1	Ground water
DW 2	Ground water
DW 3	Ground water
DW 4	Ground water
DW 5	Ground water

Annual Report - General Order No. R5-2007-0035
Reporting period 01/01/2023 to 12/31/2023.

E. SUBSURFACE (TILE) DRAINAGE SOURCES

No subsurface (tile) drainage sources entered.

F. NUTRIENT IMPORTS

No dry manure nutrient imports entered.

No process wastewater nutrient imports entered.

Date	Material type / Description	Quantity	Reporting basis	Moisture (%)	N (%)	P (%)	K (%)	Salt (%)
06/22/2023	Solid commercial fertilizer *5-11-4*	3.91 *ton*	Dry-weight	0.1	5.000000	11.000000	4.000000	0.000000
08/18/2023	Solid commercial fertilizer *30.5-0-0*	10.10 *ton*	Dry-weight	0.1	30.500000	0.000000	0.000000	0.000000

Material type	Total N (lbs)	Total P (lbs)	Total K (lbs)	Total salt (lbs)
Commercial fertilizer / Other	6,545.45	859.34	312.49	0.00
Dry manure	0.00	0.00	0.00	0.00
Process wastewater	0.00	0.00	0.00	0.00
Total imports for all materials	6,545.45	859.34	312.49	0.00

G. NUTRIENT EXPORTS

Date	Material type	Quantity	Reporting basis	Moisture (%)	Density (lbs/cu ft)	N (mg/kg)	P (mg/kg)	K (mg/kg)	Salt (mg/kg)	TFS (%)
10/29/2023	Corral solids	900.00 *ton*	Dry-weight	44.4		28,800.00	7,100.00	32,400.00		27.60
11/25/2023	Separator solids	1,500.00 *ton*	Dry-weight	77.9		21,100.00	3,200.00	9,300.00		15.50
12/17/2023	Separator solids	750.00 *ton*	Dry-weight	77.9		21,100.00	3,200.00	9,300.00		15.50

No liquid nutrient exports entered.

Material type	Total N (lbs)	Total P (lbs)	Total K (lbs)	Total salt (lbs)
Dry manure	49,806.99	10,288.08	41,674.77	430,368.30
Process wastewater	0.00	0.00	0.00	0.00
Total exports for all materials	49,806.99	10,288.08	41,674.77	430,368.30

Annual Report - General Order No. R5-2007-0035
Reporting period 01/01/2023 to 12/31/2023.

APPLICATION AREA

A. LIST OF LAND APPLICATION AREAS

Field name	Controlled acres	Cropable acres	Total harvests	Type of waste applied	Parcel number
Field 180	57	57	2	process wastewater	X074-X160-X040-XXXX
Field 181	51	51	2	process wastewater	X074-X160-X040-XXXX
Field 182	25	25	2	process wastewater	X074-X160-X040-XXXX
Field 183	35	35	2	process wastewater	X074-X160-X039-XXXX
Field 184	35	35	2	process wastewater	X074-X160-X039-XXXX
Field 185	18	18	2	process wastewater	X074-X160-X019-XXXX
Field 186	41	41	2	process wastewater	X074-X160-X019-XXXX
Totals for areas that were used for application	262	262	14		
Totals for areas that were not used for application					
Land application area totals	262	262	14		

B. CROPS AND HARVESTS

Field 180

Field name: Field 180

10/26/2022: Wheat, silage, soft dough

Crop: Wheat, silage, soft dough Acres planted: 57 Plant date: 10/26/2022

Harvest date	Yield	Reporting basis	Density (lbs/cu ft)	Moisture (%)	N (mg/kg)	P (mg/kg)	K (mg/kg)	Salt (mg/kg)	TFS (%)
04/29/2023	765.59 *ton*	As-is		67.4	5,500.00	1,000.00	9,800.00		11.50

	Yield (tons/acre)	Total N (lbs/acre)	Total P (lbs/acre)	Total K (lbs/acre)	Salt (lbs/acre)
Anticipated harvest content	15.00	270.00	64.50	420.00	0.00
Total actual harvest content	13.43	147.75	26.86	263.26	1,007.09

Annual Report - General Order No. R5-2007-0035
Reporting period 01/01/2023 to 12/31/2023.

Field 180

05/23/2023: Corn, silage

Crop: Corn, silage Acres planted: 57 Plant date: 05/23/2023

Harvest date	Yield	Reporting basis	Density (lbs/cu ft)	Moisture (%)	N (mg/kg)	P (mg/kg)	K (mg/kg)	Salt (mg/kg)	TFS (%)
09/13/2023	1,660.15 *ton*	As-is		67.4	4,300.00	800.00	5,200.00		7.30

	Yield (tons/acre)	Total N (lbs/acre)	Total P (lbs/acre)	Total K (lbs/acre)	Salt (lbs/acre)
Anticipated harvest content	24.00	297.60	52.80	259.20	0.00
Total actual harvest content	29.13	250.48	46.60	302.90	1,386.25

Field 181

Field name: Field 181

10/26/2022: Wheat, silage, soft dough

Crop: Wheat, silage, soft dough Acres planted: 51 Plant date: 10/26/2022

Harvest date	Yield	Reporting basis	Density (lbs/cu ft)	Moisture (%)	N (mg/kg)	P (mg/kg)	K (mg/kg)	Salt (mg/kg)	TFS (%)
04/29/2023	786.30 *ton*	As-is		70.8	4,800.00	1,000.00	8,200.00		14.80

	Yield (tons/acre)	Total N (lbs/acre)	Total P (lbs/acre)	Total K (lbs/acre)	Salt (lbs/acre)
Anticipated harvest content	15.00	270.00	64.50	420.00	0.00
Total actual harvest content	15.42	148.01	30.84	252.85	1,332.58

05/16/2023: Corn, silage

Crop: Corn, silage Acres planted: 51 Plant date: 05/16/2023

Harvest date	Yield	Reporting basis	Density (lbs/cu ft)	Moisture (%)	N (mg/kg)	P (mg/kg)	K (mg/kg)	Salt (mg/kg)	TFS (%)
09/05/2023	1,437.91 *ton*	As-is		63.9	4,300.00	1,000.00	7,100.00		9.10

	Yield (tons/acre)	Total N (lbs/acre)	Total P (lbs/acre)	Total K (lbs/acre)	Salt (lbs/acre)
Anticipated harvest content	24.00	297.60	52.80	259.20	0.00
Total actual harvest content	28.19	242.47	56.39	400.36	1,852.42

Annual Report - General Order No. R5-2007-0035
Reporting period 01/01/2023 to 12/31/2023.

Field 182

Field name: Field 182

10/26/2022: Wheat, silage, soft dough

Crop: Wheat, silage, soft dough Acres planted: 25 Plant date: 10/26/2022

Harvest date	Yield	Reporting basis	Density (lbs/cu ft)	Moisture (%)	N (mg/kg)	P (mg/kg)	K (mg/kg)	Salt (mg/kg)	TFS (%)
04/29/2023	390.72 *ton*	As-is		63.0	7,000.00	1,100.00	10,000.00		10.20

	Yield (tons/acre)	Total N (lbs/acre)	Total P (lbs/acre)	Total K (lbs/acre)	Salt (lbs/acre)
Anticipated harvest content	15.00	270.00	64.50	420.00	0.00
Total actual harvest content	15.63	218.80	34.38	312.58	1,179.66

05/16/2023: Corn, silage

Crop: Corn, silage Acres planted: 25 Plant date: 05/16/2023

Harvest date	Yield	Reporting basis	Density (lbs/cu ft)	Moisture (%)	N (mg/kg)	P (mg/kg)	K (mg/kg)	Salt (mg/kg)	TFS (%)
09/02/2023	622.15 *ton*	As-is		60.3	4,400.00	800.00	6,200.00		5.80

	Yield (tons/acre)	Total N (lbs/acre)	Total P (lbs/acre)	Total K (lbs/acre)	Salt (lbs/acre)
Anticipated harvest content	24.00	297.60	52.80	259.20	0.00
Total actual harvest content	24.89	219.00	39.82	308.59	1,146.05

Field 183

Field name: Field 183

11/25/2022: Wheat, silage, soft dough

Crop: Wheat, silage, soft dough Acres planted: 35 Plant date: 11/25/2022

Harvest date	Yield	Reporting basis	Density (lbs/cu ft)	Moisture (%)	N (mg/kg)	P (mg/kg)	K (mg/kg)	Salt (mg/kg)	TFS (%)
05/24/2023	702.35 *ton*	As-is		60.3	4,300.00	800.00	7,700.00		9.30

	Yield (tons/acre)	Total N (lbs/acre)	Total P (lbs/acre)	Total K (lbs/acre)	Salt (lbs/acre)
Anticipated harvest content	15.00	270.00	64.50	420.00	0.00
Total actual harvest content	20.07	172.58	32.11	309.03	1,481.80

Annual Report - General Order No. R5-2007-0035
Reporting period 01/01/2023 to 12/31/2023.

Field 183

06/20/2023: Corn, silage

Crop: Corn, silage Acres planted: 35 Plant date: 06/20/2023

Harvest date	Yield	Reporting basis	Density (lbs/cu ft)	Moisture (%)	N (mg/kg)	P (mg/kg)	K (mg/kg)	Salt (mg/kg)	TFS (%)
10/22/2023	875.27 *ton*	As-is		66.1	4,100.00	800.00	5,600.00		6.80

	Yield (tons/acre)	Total N (lbs/acre)	Total P (lbs/acre)	Total K (lbs/acre)	Salt (lbs/acre)
Anticipated harvest content	24.00	297.60	52.80	259.20	0.00
Total actual harvest content	25.01	205.06	40.01	280.09	1,152.96

Field 184

Field name: Field 184

11/25/2022: Wheat, silage, soft dough

Crop: Wheat, silage, soft dough Acres planted: 35 Plant date: 11/25/2022

Harvest date	Yield	Reporting basis	Density (lbs/cu ft)	Moisture (%)	N (mg/kg)	P (mg/kg)	K (mg/kg)	Salt (mg/kg)	TFS (%)
05/24/2023	520.09 *ton*	As-is		65.0	8,500.00	1,300.00	12,800.00		11.90

	Yield (tons/acre)	Total N (lbs/acre)	Total P (lbs/acre)	Total K (lbs/acre)	Salt (lbs/acre)
Anticipated harvest content	15.00	270.00	64.50	420.00	0.00
Total actual harvest content	14.86	252.62	38.64	380.41	1,237.81

06/20/2023: Corn, silage

Crop: Corn, silage Acres planted: 35 Plant date: 06/20/2023

Harvest date	Yield	Reporting basis	Density (lbs/cu ft)	Moisture (%)	N (mg/kg)	P (mg/kg)	K (mg/kg)	Salt (mg/kg)	TFS (%)
10/21/2023	807.65 *ton*	As-is		59.1	6,100.00	1,300.00	6,400.00		6.50

	Yield (tons/acre)	Total N (lbs/acre)	Total P (lbs/acre)	Total K (lbs/acre)	Salt (lbs/acre)
Anticipated harvest content	24.00	297.60	52.80	259.20	0.00
Total actual harvest content	23.08	281.52	60.00	295.37	1,226.94

Annual Report - General Order No. R5-2007-0035
Reporting period 01/01/2023 to 12/31/2023.

Field 185

Field name: Field 185

11/25/2022: Wheat, silage, soft dough

Crop: Wheat, silage, soft dough Acres planted: 18 Plant date: 11/25/2022

Harvest date	Yield	Reporting basis	Density (lbs/cu ft)	Moisture (%)	N (mg/kg)	P (mg/kg)	K (mg/kg)	Salt (mg/kg)	TFS (%)
05/23/2023	287.58 *ton*	As-is		54.9	8,800.00	1,600.00	15,900.00		10.80

	Yield (tons/acre)	Total N (lbs/acre)	Total P (lbs/acre)	Total K (lbs/acre)	Salt (lbs/acre)
Anticipated harvest content	15.00	270.00	64.50	420.00	0.00
Total actual harvest content	15.98	281.19	51.13	508.06	1,556.38

06/22/2023: Corn, silage

Crop: Corn, silage Acres planted: 18 Plant date: 06/22/2023

Harvest date	Yield	Reporting basis	Density (lbs/cu ft)	Moisture (%)	N (mg/kg)	P (mg/kg)	K (mg/kg)	Salt (mg/kg)	TFS (%)
09/27/2023	444.36 *ton*	As-is		79.3	3,200.00	800.00	5,000.00		11.50

	Yield (tons/acre)	Total N (lbs/acre)	Total P (lbs/acre)	Total K (lbs/acre)	Salt (lbs/acre)
Anticipated harvest content	24.00	297.60	52.80	259.20	0.00
Total actual harvest content	24.69	157.99	39.50	246.87	1,175.33

Field 186

Field name: Field 186

11/25/2022: Wheat, silage, soft dough

Crop: Wheat, silage, soft dough Acres planted: 41 Plant date: 11/25/2022

Harvest date	Yield	Reporting basis	Density (lbs/cu ft)	Moisture (%)	N (mg/kg)	P (mg/kg)	K (mg/kg)	Salt (mg/kg)	TFS (%)
05/23/2023	649.19 *ton*	As-is		55.3	9,100.00	1,600.00	16,300.00		12.00

	Yield (tons/acre)	Total N (lbs/acre)	Total P (lbs/acre)	Total K (lbs/acre)	Salt (lbs/acre)
Anticipated harvest content	15.00	270.00	64.50	420.00	0.00
Total actual harvest content	15.83	288.18	50.67	516.19	1,698.66

Annual Report - General Order No. R5-2007-0035
Reporting period 01/01/2023 to 12/31/2023.

Field 186

06/22/2023: Corn, silage

Crop: Corn, silage Acres planted: 41 Plant date: 06/22/2023

Harvest date	Yield	Reporting basis	Density (lbs/cu ft)	Moisture (%)	N (mg/kg)	P (mg/kg)	K (mg/kg)	Salt (mg/kg)	TFS (%)
09/27/2023	1,138.28 *ton*	As-is		78.7	3,200.00	700.00	5,900.00		11.40

	Yield (tons/acre)	Total N (lbs/acre)	Total P (lbs/acre)	Total K (lbs/acre)	Salt (lbs/acre)
Anticipated harvest content	24.00	297.60	52.80	259.20	0.00
Total actual harvest content	27.76	177.68	38.87	327.60	1,348.28

Annual Report - General Order No. R5-2007-0035
Reporting period 01/01/2023 to 12/31/2023.

NUTRIENT BUDGET

A. LAND APPLICATIONS

Field 180 - 10/26/2022: Wheat, silage, soft dough

Field name: Field 180

Crop: Wheat, silage, soft dough

Plant date: 10/26/2022

Application date	Application method	Precipitation 24 hours prior	Precipitation during application	Precipitation 24 hours following
10/29/2022	Surface (irrigation)	No precipitation	No precipitation	No precipitation

Source description	Material type	N (lbs/acre)	P (lbs/acre)	K (lbs/acre)	Salt (lbs/acre)	Amount
WWS	Process wastewater	177.34	20.66	226.46	1,051.65	1,968,000.00 *gal*
DW 4	Ground water	8.70	0.00	0.00	347.05	5,712,000.00 *gal*
Application event totals		186.04	20.66	226.46	1,398.69	

Field 180 - 05/23/2023: Corn, silage

Field name: Field 180

Crop: Corn, silage

Plant date: 05/23/2023

Application date	Application method	Precipitation 24 hours prior	Precipitation during application	Precipitation 24 hours following
05/12/2023	Surface (irrigation)	No precipitation	No precipitation	No precipitation

Source description	Material type	N (lbs/acre)	P (lbs/acre)	K (lbs/acre)	Salt (lbs/acre)	Amount
WWS	Process wastewater	130.53	27.30	162.68	1,124.38	2,400,000.00 *gal*
DW 4	Ground water	6.58	0.00	0.00	262.47	4,320,000.00 *gal*
DW 3	Ground water	23.91	0.00	0.00	874.38	7,560,000.00 *gal*
Application event totals		161.02	27.30	162.68	2,261.23	

Application date	Application method	Precipitation 24 hours prior	Precipitation during application	Precipitation 24 hours following
06/21/2023	Surface (irrigation)	No precipitation	No precipitation	No precipitation

Source description	Material type	N (lbs/acre)	P (lbs/acre)	K (lbs/acre)	Salt (lbs/acre)	Amount
DW 4	Ground water	4.60	0.00	0.00	183.73	3,024,000.00 *gal*
DW 5	Ground water	3.27	0.00	0.00	855.01	5,670,000.00 *gal*
Application event totals		7.87	0.00	0.00	1,038.74	

Annual Report - General Order No. R5-2007-0035
Reporting period 01/01/2023 to 12/31/2023.

Field 180 - 05/23/2023: Corn, silage

Application date	Application method	Precipitation 24 hours prior	Precipitation during application	Precipitation 24 hours following
07/04/2023	Surface (irrigation)	No precipitation	No precipitation	No precipitation

Source description	Material type	N (lbs/acre)	P (lbs/acre)	K (lbs/acre)	Salt (lbs/acre)	Amount
DW 4	Ground water	5.34	0.00	0.00	212.89	3,504,000.00 *gal*
DW 5	Ground water	3.79	0.00	0.00	990.73	6,570,000.00 *gal*
Application event totals		9.12	0.00	0.00	1,203.62	

Application date	Application method	Precipitation 24 hours prior	Precipitation during application	Precipitation 24 hours following
07/19/2023	Surface (irrigation)	No precipitation	No precipitation	No precipitation

Source description	Material type	N (lbs/acre)	P (lbs/acre)	K (lbs/acre)	Salt (lbs/acre)	Amount
DW 4	Ground water	7.24	0.00	0.00	288.72	4,752,000.00 *gal*
DW 5	Ground water	5.14	0.00	0.00	1,343.59	8,910,000.00 *gal*
Application event totals		12.37	0.00	0.00	1,632.31	

Application date	Application method	Precipitation 24 hours prior	Precipitation during application	Precipitation 24 hours following
08/03/2023	Surface (irrigation)	No precipitation	No precipitation	No precipitation

Source description	Material type	N (lbs/acre)	P (lbs/acre)	K (lbs/acre)	Salt (lbs/acre)	Amount
DW 4	Ground water	3.95	0.00	0.00	157.48	2,592,000.00 *gal*
DW 5	Ground water	2.80	0.00	0.00	732.87	4,860,000.00 *gal*
Application event totals		6.75	0.00	0.00	890.35	

Application date	Application method	Precipitation 24 hours prior	Precipitation during application	Precipitation 24 hours following
08/15/2023	Surface (irrigation)	No precipitation	No precipitation	No precipitation

Source description	Material type	N (lbs/acre)	P (lbs/acre)	K (lbs/acre)	Salt (lbs/acre)	Amount
DW 4	Ground water	2.56	0.00	0.00	102.07	1,680,000.00 *gal*
DW 5	Ground water	1.82	0.00	0.00	475.01	3,150,000.00 *gal*
Application event totals		4.37	0.00	0.00	577.08	

Application date	Application method	Precipitation 24 hours prior	Precipitation during application	Precipitation 24 hours following
08/28/2023	Surface (irrigation)	No precipitation	No precipitation	No precipitation

Source description	Material type	N (lbs/acre)	P (lbs/acre)	K (lbs/acre)	Salt (lbs/acre)	Amount
WWS	Process wastewater	109.65	22.93	136.65	944.48	2,016,000.00 *gal*
DW 4	Ground water	3.00	0.00	0.00	119.57	1,968,000.00 *gal*
DW 5	Ground water	2.13	0.00	0.00	556.44	3,690,000.00 *gal*
Application event totals		114.77	22.93	136.65	1,620.48	

Annual Report - General Order No. R5-2007-0035
Reporting period 01/01/2023 to 12/31/2023.

Field 181 - 10/26/2022: Wheat, silage, soft dough

Field name: Field 181

Crop: Wheat, silage, soft dough

Plant date: 10/26/2022

Application date	Application method	Precipitation 24 hours prior	Precipitation during application	Precipitation 24 hours following
02/28/2023	Surface (irrigation)	No precipitation	No precipitation	No precipitation

Source description	Material type	N (lbs/acre)	P (lbs/acre)	K (lbs/acre)	Salt (lbs/acre)	Amount
WWS	Process wastewater	179.91	18.36	158.11	1,394.34	1,968,000.00 *gal*
DW 4	Ground water	11.44	0.00	0.00	456.32	6,720,000.00 *gal*
Application event totals		191.35	18.36	158.11	1,850.67	

Field 181 - 05/16/2023: Corn, silage

Field name: Field 181

Crop: Corn, silage

Plant date: 05/16/2023

Application date	Application method	Precipitation 24 hours prior	Precipitation during application	Precipitation 24 hours following
05/06/2023	Surface (irrigation)	No precipitation	No precipitation	No precipitation

Source description	Material type	N (lbs/acre)	P (lbs/acre)	K (lbs/acre)	Salt (lbs/acre)	Amount
DW 5	Ground water	3.95	0.00	0.00	1,031.44	6,120,000.00 *gal*
DW 4	Ground water	5.55	0.00	0.00	221.64	3,264,000.00 *gal*
Application event totals		9.50	0.00	0.00	1,253.09	

Application date	Application method	Precipitation 24 hours prior	Precipitation during application	Precipitation 24 hours following
05/16/2023	Sidedress	No precipitation	No precipitation	No precipitation

Source description	Material type	N (lbs/acre)	P (lbs/acre)	K (lbs/acre)	Salt (lbs/acre)	Amount
5-11-4	Solid commercial fertilizer	2.58	5.67	2.06	0.00	
Application event totals		2.58	5.67	2.06	0.00	

Application date	Application method	Precipitation 24 hours prior	Precipitation during application	Precipitation 24 hours following
06/15/2023	Surface (irrigation)	No precipitation	No precipitation	No precipitation

Source description	Material type	N (lbs/acre)	P (lbs/acre)	K (lbs/acre)	Salt (lbs/acre)	Amount
DW 5	Ground water	4.12	0.00	0.00	1,076.95	6,390,000.00 *gal*
DW 4	Ground water	5.80	0.00	0.00	231.42	3,408,000.00 *gal*
Application event totals		9.92	0.00	0.00	1,308.37	

Annual Report - General Order No. R5-2007-0035
Reporting period 01/01/2023 to 12/31/2023.

Field 181 - 05/16/2023: Corn, silage

Application date	Application method	Precipitation 24 hours prior	Precipitation during application	Precipitation 24 hours following
06/29/2023	Sidedress	No precipitation	No precipitation	No precipitation

Source description	Material type	N (lbs/acre)	P (lbs/acre)	K (lbs/acre)	Salt (lbs/acre)	Amount
30.5-0-0	Solid commercial fertilizer	40.54	0.00	0.00	0.00	
Application event totals		40.54	0.00	0.00	0.00	

06/29/2023	Surface (irrigation)	No precipitation	No precipitation	No precipitation

Source description	Material type	N (lbs/acre)	P (lbs/acre)	K (lbs/acre)	Salt (lbs/acre)	Amount
DW 5	Ground water	3.54	0.00	0.00	925.26	5,490,000.00 *gal*
DW 4	Ground water	4.98	0.00	0.00	198.83	2,928,000.00 *gal*
Application event totals		8.52	0.00	0.00	1,124.09	

07/18/2023	Surface (irrigation)	No precipitation	No precipitation	No precipitation

Source description	Material type	N (lbs/acre)	P (lbs/acre)	K (lbs/acre)	Salt (lbs/acre)	Amount
DW 5	Ground water	3.60	0.00	0.00	940.43	5,580,000.00 *gal*
DW 4	Ground water	5.06	0.00	0.00	202.09	2,976,000.00 *gal*
Application event totals		8.66	0.00	0.00	1,142.52	

07/27/2023	Surface (irrigation)	No precipitation	No precipitation	No precipitation

Source description	Material type	N (lbs/acre)	P (lbs/acre)	K (lbs/acre)	Salt (lbs/acre)	Amount
DW 5	Ground water	2.61	0.00	0.00	682.57	4,050,000.00 *gal*
DW 4	Ground water	3.68	0.00	0.00	146.68	2,160,000.00 *gal*
Application event totals		6.29	0.00	0.00	829.25	

08/07/2023	Surface (irrigation)	No precipitation	No precipitation	No precipitation

Source description	Material type	N (lbs/acre)	P (lbs/acre)	K (lbs/acre)	Salt (lbs/acre)	Amount
WWS	Process wastewater	128.38	26.85	160.00	1,105.86	2,112,000.00 *gal*
DW 5	Ground water	2.55	0.00	0.00	667.40	3,960,000.00 *gal*
DW 4	Ground water	3.59	0.00	0.00	143.42	2,112,000.00 *gal*
Application event totals		134.53	26.85	160.00	1,916.68	

Annual Report - General Order No. R5-2007-0035
Reporting period 01/01/2023 to 12/31/2023.

Field 181 - 05/16/2023: Corn, silage

Application date	Application method	Precipitation 24 hours prior	Precipitation during application	Precipitation 24 hours following
08/21/2023	Surface (irrigation)	No precipitation	No precipitation	No precipitation

Source description	Material type	N (lbs/acre)	P (lbs/acre)	K (lbs/acre)	Salt (lbs/acre)	Amount
WWS	Process wastewater	105.04	21.97	130.91	904.79	1,728,000.00 *gal*
DW 5	Ground water	2.09	0.00	0.00	546.06	3,240,000.00 *gal*
DW 4	Ground water	2.94	0.00	0.00	117.34	1,728,000.00 *gal*
Application event totals		110.07	21.97	130.91	1,568.19	

Field 182 - 10/26/2022: Wheat, silage, soft dough

Field name: Field 182

Crop: Wheat, silage, soft dough Plant date: 10/26/2022

Application date	Application method	Precipitation 24 hours prior	Precipitation during application	Precipitation 24 hours following
10/31/2022	Surface (irrigation)	No precipitation	No precipitation	No precipitation

Source description	Material type	N (lbs/acre)	P (lbs/acre)	K (lbs/acre)	Salt (lbs/acre)	Amount
DW 4	Ground water	6.17	0.00	0.00	246.02	1,776,000.00 *gal*
DW 1	Ground water	3.08	0.00	0.00	782.53	2,664,000.00 *gal*
Application event totals		9.24	0.00	0.00	1,028.56	

01/09/2023	Surface (irrigation)	No precipitation	No precipitation	No precipitation

Source description	Material type	N (lbs/acre)	P (lbs/acre)	K (lbs/acre)	Salt (lbs/acre)	Amount
WWS	Process wastewater	267.25	27.40	236.01	2,081.31	1,440,000.00 *gal*
DW 4	Ground water	6.50	0.00	0.00	259.32	1,872,000.00 *gal*
DW 1	Ground water	3.24	0.00	0.00	824.83	2,808,000.00 *gal*
Application event totals		277.00	27.40	236.01	3,165.47	

Field 182 - 05/16/2023: Corn, silage

Field name: Field 182

Crop: Corn, silage Plant date: 05/16/2023

Application date	Application method	Precipitation 24 hours prior	Precipitation during application	Precipitation 24 hours following

Annual Report - General Order No. R5-2007-0035
Reporting period 01/01/2023 to 12/31/2023.

Field 182 - 05/16/2023: Corn, silage

Application date	Application method	Precipitation 24 hours prior	Precipitation during application	Precipitation 24 hours following
05/02/2023	Surface (irrigation)	No precipitation	No precipitation	No precipitation

Source description	Material type	N (lbs/acre)	P (lbs/acre)	K (lbs/acre)	Salt (lbs/acre)	Amount
DW 4	Ground water	4.83	0.00	0.00	192.83	1,392,000.00 *gal*
DW 1	Ground water	2.44	0.00	0.00	613.34	2,088,000.00 *gal*
Application event totals		7.27	0.00	0.00	806.17	

05/16/2023	Surface (irrigation)	No precipitation	No precipitation	No precipitation

Source description	Material type	N (lbs/acre)	P (lbs/acre)	K (lbs/acre)	Salt (lbs/acre)	Amount
5-11-4	Solid commercial fertilizer	2.58	5.67	2.06	0.00	
Application event totals		2.58	5.67	2.06	0.00	

06/13/2023	Surface (irrigation)	No precipitation	No precipitation	No precipitation

Source description	Material type	N (lbs/acre)	P (lbs/acre)	K (lbs/acre)	Salt (lbs/acre)	Amount
DW 1	Ground water	3.87	0.00	0.00	972.88	3,312,000.00 *gal*
Application event totals		3.87	0.00	0.00	972.88	

06/26/2023	Surface (irrigation)	No precipitation	No precipitation	No precipitation

Source description	Material type	N (lbs/acre)	P (lbs/acre)	K (lbs/acre)	Salt (lbs/acre)	Amount
WWS	Process wastewater	178.57	37.35	222.55	1,538.15	1,440,000.00 *gal*
DW 4	Ground water	6.67	0.00	0.00	265.97	1,920,000.00 *gal*
DW 1	Ground water	3.36	0.00	0.00	845.98	2,880,000.00 *gal*
Application event totals		188.60	37.35	222.55	2,650.10	

07/07/2023	Surface (irrigation)	No precipitation	No precipitation	No precipitation

Source description	Material type	N (lbs/acre)	P (lbs/acre)	K (lbs/acre)	Salt (lbs/acre)	Amount
DW 3	Ground water	34.52	0.00	0.00	1,262.61	4,788,000.00 *gal*
DW 1	Ground water	1.37	0.00	0.00	271.24	4,104,000.00 *gal*
Application event totals		35.89	0.00	0.00	1,533.85	

Annual Report - General Order No. R5-2007-0035
Reporting period 01/01/2023 to 12/31/2023.

Field 182 - 05/16/2023: Corn, silage

Application date	Application method	Precipitation 24 hours prior	Precipitation during application	Precipitation 24 hours following
07/16/2023	Surface (irrigation)	No precipitation	No precipitation	No precipitation

Source description	Material type	N (lbs/acre)	P (lbs/acre)	K (lbs/acre)	Salt (lbs/acre)	Amount
DW 1	Ground water	2.19	0.00	0.00	549.89	1,872,000.00 *gal*
Application event totals		2.19	0.00	0.00	549.89	

Application date	Application method	Precipitation 24 hours prior	Precipitation during application	Precipitation 24 hours following
07/26/2023	Surface (irrigation)	No precipitation	No precipitation	No precipitation

Source description	Material type	N (lbs/acre)	P (lbs/acre)	K (lbs/acre)	Salt (lbs/acre)	Amount
30.5-0-0	Solid commercial fertilizer	40.54	0.00	0.00	0.00	
Application event totals		40.54	0.00	0.00	0.00	

Application date	Application method	Precipitation 24 hours prior	Precipitation during application	Precipitation 24 hours following
07/26/2023	Surface (irrigation)	No precipitation	No precipitation	No precipitation

Source description	Material type	N (lbs/acre)	P (lbs/acre)	K (lbs/acre)	Salt (lbs/acre)	Amount
DW 1	Ground water	2.19	0.00	0.00	549.89	1,872,000.00 *gal*
Application event totals		2.19	0.00	0.00	549.89	

Application date	Application method	Precipitation 24 hours prior	Precipitation during application	Precipitation 24 hours following
08/05/2023	Surface (irrigation)	No precipitation	No precipitation	No precipitation

Source description	Material type	N (lbs/acre)	P (lbs/acre)	K (lbs/acre)	Salt (lbs/acre)	Amount
DW 1	Ground water	2.10	0.00	0.00	528.74	1,800,000.00 *gal*
Application event totals		2.10	0.00	0.00	528.74	

Application date	Application method	Precipitation 24 hours prior	Precipitation during application	Precipitation 24 hours following
08/14/2023	Surface (irrigation)	No precipitation	No precipitation	No precipitation

Source description	Material type	N (lbs/acre)	P (lbs/acre)	K (lbs/acre)	Salt (lbs/acre)	Amount
DW 1	Ground water	2.10	0.00	0.00	528.74	1,800,000.00 *gal*
Application event totals		2.10	0.00	0.00	528.74	

Field 183 - 11/25/2022: Wheat, silage, soft dough

Field name: Field 183

Crop: Wheat, silage, soft dough

Plant date: 11/25/2022

Application date	Application method	Precipitation 24 hours prior	Precipitation during application	Precipitation 24 hours following

Annual Report - General Order No. R5-2007-0035
Reporting period 01/01/2023 to 12/31/2023.

Field 183 - 11/25/2022: Wheat, silage, soft dough

Application date	Application method	Precipitation 24 hours prior	Precipitation during application	Precipitation 24 hours following
01/23/2023	Surface (irrigation)	No precipitation	No precipitation	No precipitation

Source description	Material type	N (lbs/acre)	P (lbs/acre)	K (lbs/acre)	Salt (lbs/acre)	Amount
DW 4	Ground water	11.78	0.00	0.00	470.20	4,752,000.00 *gal*
Application event totals		11.78	0.00	0.00	470.20	

Application date	Application method	Precipitation 24 hours prior	Precipitation during application	Precipitation 24 hours following
03/12/2023	Surface (irrigation)	No precipitation	No precipitation	No precipitation

Source description	Material type	N (lbs/acre)	P (lbs/acre)	K (lbs/acre)	Salt (lbs/acre)	Amount
WWS	Process wastewater	203.62	20.87	179.82	1,585.76	1,536,000.00 *gal*
DW 4	Ground water	9.16	0.00	0.00	365.71	3,696,000.00 *gal*
Application event totals		212.79	20.87	179.82	1,951.47	

Application date	Application method	Precipitation 24 hours prior	Precipitation during application	Precipitation 24 hours following
04/10/2023	Surface (irrigation)	No precipitation	No precipitation	No precipitation

Source description	Material type	N (lbs/acre)	P (lbs/acre)	K (lbs/acre)	Salt (lbs/acre)	Amount
DW 4	Ground water	8.69	0.00	0.00	346.71	3,504,000.00 *gal*
Application event totals		8.69	0.00	0.00	346.71	

Field 183 - 06/20/2023: Corn, silage

Field name: Field 183

Crop: Corn, silage

Plant date: 06/20/2023

Application date	Application method	Precipitation 24 hours prior	Precipitation during application	Precipitation 24 hours following
06/01/2023	Surface (irrigation)	No precipitation	No precipitation	No precipitation

Source description	Material type	N (lbs/acre)	P (lbs/acre)	K (lbs/acre)	Salt (lbs/acre)	Amount
DW 5	Ground water	7.61	0.00	0.00	1,989.21	8,100,000.00 *gal*
DW 4	Ground water	10.71	0.00	0.00	427.45	4,320,000.00 *gal*
Application event totals		18.32	0.00	0.00	2,416.66	

Annual Report - General Order No. R5-2007-0035
Reporting period 01/01/2023 to 12/31/2023.

Field 183 - 06/20/2023: Corn, silage

Application date	Application method	Precipitation 24 hours prior	Precipitation during application	Precipitation 24 hours following
06/18/2023	Surface (irrigation)	No precipitation	No precipitation	No precipitation

Source description	Material type	N (lbs/acre)	P (lbs/acre)	K (lbs/acre)	Salt (lbs/acre)	Amount
DW 5	Ground water	5.92	0.00	0.00	1,547.16	6,300,000.00 *gal*
Application event totals		5.92	0.00	0.00	1,547.16	

Application date	Application method	Precipitation 24 hours prior	Precipitation during application	Precipitation 24 hours following
07/10/2023	Surface (irrigation)	No precipitation	No precipitation	No precipitation

Source description	Material type	N (lbs/acre)	P (lbs/acre)	K (lbs/acre)	Salt (lbs/acre)	Amount
WWS	Process wastewater	229.28	48.02	286.14	1,977.62	2,592,000.00 *gal*
DW 5	Ground water	5.75	0.00	0.00	1,502.96	6,120,000.00 *gal*
Application event totals		235.03	48.02	286.14	3,480.58	

Application date	Application method	Precipitation 24 hours prior	Precipitation during application	Precipitation 24 hours following
07/31/2023	Surface (irrigation)	No precipitation	No precipitation	No precipitation

Source description	Material type	N (lbs/acre)	P (lbs/acre)	K (lbs/acre)	Salt (lbs/acre)	Amount
DW 5	Ground water	5.24	0.00	0.00	1,370.34	5,580,000.00 *gal*
Application event totals		5.24	0.00	0.00	1,370.34	

Application date	Application method	Precipitation 24 hours prior	Precipitation during application	Precipitation 24 hours following
08/12/2023	Surface (irrigation)	No precipitation	No precipitation	No precipitation

Source description	Material type	N (lbs/acre)	P (lbs/acre)	K (lbs/acre)	Salt (lbs/acre)	Amount
DW 5	Ground water	4.82	0.00	0.00	1,259.83	5,130,000.00 *gal*
Application event totals		4.82	0.00	0.00	1,259.83	

Application date	Application method	Precipitation 24 hours prior	Precipitation during application	Precipitation 24 hours following
09/01/2023	Surface (irrigation)	No precipitation	No precipitation	No precipitation

Source description	Material type	N (lbs/acre)	P (lbs/acre)	K (lbs/acre)	Salt (lbs/acre)	Amount
DW 5	Ground water	4.40	0.00	0.00	1,149.32	4,680,000.00 *gal*
Application event totals		4.40	0.00	0.00	1,149.32	

Field 184 - 11/25/2022: Wheat, silage, soft dough

Field name: Field 184

Crop: Wheat, silage, soft dough

Plant date: 11/25/2022

Application date	Application method	Precipitation 24 hours prior	Precipitation during application	Precipitation 24 hours following

Annual Report - General Order No. R5-2007-0035
Reporting period 01/01/2023 to 12/31/2023.

Field 184 - 11/25/2022: Wheat, silage, soft dough

Application date	Application method	Precipitation 24 hours prior	Precipitation during application	Precipitation 24 hours following
10/12/2022	Surface (irrigation)	No precipitation	No precipitation	No precipitation

Source description	Material type	N (lbs/acre)	P (lbs/acre)	K (lbs/acre)	Salt (lbs/acre)	Amount
DW 4	Ground water	13.09	0.00	0.00	522.44	5,280,000.00 *gal*
Application event totals		13.09	0.00	0.00	522.44	

Application date	Application method	Precipitation 24 hours prior	Precipitation during application	Precipitation 24 hours following
02/06/2023	Surface (irrigation)	No precipitation	No precipitation	No precipitation

Source description	Material type	N (lbs/acre)	P (lbs/acre)	K (lbs/acre)	Salt (lbs/acre)	Amount
WWS	Process wastewater	287.73	29.36	252.87	2,229.97	2,160,000.00 *gal*
DW 4	Ground water	6.55	0.00	0.00	261.22	2,640,000.00 *gal*
Application event totals		294.28	29.36	252.87	2,491.20	

Application date	Application method	Precipitation 24 hours prior	Precipitation during application	Precipitation 24 hours following
03/11/2023	Surface (irrigation)	No precipitation	No precipitation	No precipitation

Source description	Material type	N (lbs/acre)	P (lbs/acre)	K (lbs/acre)	Salt (lbs/acre)	Amount
DW 4	Ground water	8.09	0.00	0.00	322.97	3,264,000.00 *gal*
Application event totals		8.09	0.00	0.00	322.97	

Field 184 - 06/20/2023: Corn, silage

Field name: Field 184

Crop: Corn, silage

Plant date: 06/20/2023

Application date	Application method	Precipitation 24 hours prior	Precipitation during application	Precipitation 24 hours following
06/07/2023	Surface (irrigation)	No precipitation	No precipitation	No precipitation

Source description	Material type	N (lbs/acre)	P (lbs/acre)	K (lbs/acre)	Salt (lbs/acre)	Amount
DW 4	Ground water	9.64	0.00	0.00	384.71	3,888,000.00 *gal*
DW 5	Ground water	6.85	0.00	0.00	1,790.29	7,290,000.00 *gal*
Application event totals		16.49	0.00	0.00	2,175.00	

Annual Report - General Order No. R5-2007-0035
Reporting period 01/01/2023 to 12/31/2023.

Field 184 - 06/20/2023: Corn, silage

Application date	Application method	Precipitation 24 hours prior	Precipitation during application	Precipitation 24 hours following
06/20/2023	Sidedress	No precipitation	No precipitation	No precipitation

Source description	Material type	N (lbs/acre)	P (lbs/acre)	K (lbs/acre)	Salt (lbs/acre)	Amount
5-11-4	Solid commercial fertilizer	2.58	5.67	2.06	0.00	
Application event totals		2.58	5.67	2.06	0.00	

07/15/2023	Sidedress	No precipitation	No precipitation	No precipitation

Source description	Material type	N (lbs/acre)	P (lbs/acre)	K (lbs/acre)	Salt (lbs/acre)	Amount
30.5-0-0	Solid commercial fertilizer	40.54	0.00	0.00	0.00	
Application event totals		40.54	0.00	0.00	0.00	

07/15/2023	Surface (irrigation)	No precipitation	No precipitation	No precipitation

Source description	Material type	N (lbs/acre)	P (lbs/acre)	K (lbs/acre)	Salt (lbs/acre)	Amount
DW 4	Ground water	7.62	0.00	0.00	303.97	3,072,000.00 *gal*
DW 5	Ground water	5.41	0.00	0.00	1,414.55	5,760,000.00 *gal*
Application event totals		13.03	0.00	0.00	1,718.52	

07/26/2023	Surface (irrigation)	No precipitation	No precipitation	No precipitation

Source description	Material type	N (lbs/acre)	P (lbs/acre)	K (lbs/acre)	Salt (lbs/acre)	Amount
DW 5	Ground water	4.73	0.00	0.00	1,237.73	5,040,000.00 *gal*
DW 4	Ground water	6.67	0.00	0.00	265.97	2,688,000.00 *gal*
Application event totals		11.40	0.00	0.00	1,503.70	

08/11/2023	Surface (irrigation)	No precipitation	No precipitation	No precipitation

Source description	Material type	N (lbs/acre)	P (lbs/acre)	K (lbs/acre)	Salt (lbs/acre)	Amount
WWS	Process wastewater	246.60	51.58	307.33	2,124.11	2,784,000.00 *gal*
DW 4	Ground water	6.90	0.00	0.00	275.47	2,784,000.00 *gal*
Application event totals		253.50	51.58	307.33	2,399.58	

Annual Report - General Order No. R5-2007-0035
Reporting period 01/01/2023 to 12/31/2023.

Field 184 - 06/20/2023: Corn, silage

Application date	Application method	Precipitation 24 hours prior	Precipitation during application	Precipitation 24 hours following
08/24/2023	Surface (irrigation)	No precipitation	No precipitation	No precipitation

Source description	Material type	N (lbs/acre)	P (lbs/acre)	K (lbs/acre)	Salt (lbs/acre)	Amount
DW 4	Ground water	4.76	0.00	0.00	189.98	1,920,000.00 *gal*
DW 5	Ground water	3.38	0.00	0.00	884.09	3,600,000.00 *gal*
Application event totals		8.14	0.00	0.00	1,074.07	

Field 185 - 11/25/2022: Wheat, silage, soft dough

Field name: Field 185

Crop: Wheat, silage, soft dough

Plant date: 11/25/2022

Application date	Application method	Precipitation 24 hours prior	Precipitation during application	Precipitation 24 hours following
02/12/2023	Surface (irrigation)	No precipitation	No precipitation	No precipitation

Source description	Material type	N (lbs/acre)	P (lbs/acre)	K (lbs/acre)	Salt (lbs/acre)	Amount
WWS	Process wastewater	261.09	26.64	229.45	2,023.50	1,008,000.00 *gal*
DW 4	Ground water	9.03	0.00	0.00	360.17	1,872,000.00 *gal*
DW 5	Ground water	6.41	0.00	0.00	1,676.09	3,510,000.00 *gal*
Application event totals		276.53	26.64	229.45	4,059.76	

03/10/2023	Surface (irrigation)	No precipitation	No precipitation	No precipitation

Source description	Material type	N (lbs/acre)	P (lbs/acre)	K (lbs/acre)	Salt (lbs/acre)	Amount
DW 4	Ground water	7.41	0.00	0.00	295.52	1,536,000.00 *gal*
Application event totals		7.41	0.00	0.00	295.52	

04/21/2023	Surface (irrigation)	No precipitation	No precipitation	No precipitation

Source description	Material type	N (lbs/acre)	P (lbs/acre)	K (lbs/acre)	Salt (lbs/acre)	Amount
DW 4	Ground water	6.48	0.00	0.00	258.58	1,344,000.00 *gal*
Application event totals		6.48	0.00	0.00	258.58	

Field 185 - 06/22/2023: Corn, silage

Annual Report - General Order No. R5-2007-0035
Reporting period 01/01/2023 to 12/31/2023.

Field 185 - 06/22/2023: Corn, silage

Field name: Field 185

Crop: Corn, silage

Plant date: 06/22/2023

Application date	Application method	Precipitation 24 hours prior	Precipitation during application	Precipitation 24 hours following
06/12/2023	Surface (irrigation)	No precipitation	No precipitation	No precipitation

Source description	Material type	N (lbs/acre)	P (lbs/acre)	K (lbs/acre)	Salt (lbs/acre)	Amount
DW 4	Ground water	9.26	0.00	0.00	369.41	1,920,000.00 *gal*
DW 5	Ground water	6.58	0.00	0.00	1,719.07	3,600,000.00 *gal*
Application event totals		15.83	0.00	0.00	2,088.48	

Application date	Application method	Precipitation 24 hours prior	Precipitation during application	Precipitation 24 hours following
07/23/2023	Surface (irrigation)	No precipitation	No precipitation	No precipitation

Source description	Material type	N (lbs/acre)	P (lbs/acre)	K (lbs/acre)	Salt (lbs/acre)	Amount
DW 4	Ground water	9.03	0.00	0.00	360.17	1,872,000.00 *gal*
Application event totals		9.03	0.00	0.00	360.17	

Application date	Application method	Precipitation 24 hours prior	Precipitation during application	Precipitation 24 hours following
08/08/2023	Surface (irrigation)	No precipitation	No precipitation	No precipitation

Source description	Material type	N (lbs/acre)	P (lbs/acre)	K (lbs/acre)	Salt (lbs/acre)	Amount
WWS	Process wastewater	165.34	34.58	206.07	1,424.21	960,000.00 *gal*
DW 4	Ground water	10.65	0.00	0.00	424.82	2,208,000.00 *gal*
DW 5	Ground water	7.56	0.00	0.00	1,976.93	4,140,000.00 *gal*
Application event totals		183.55	34.58	206.07	3,825.96	

Application date	Application method	Precipitation 24 hours prior	Precipitation during application	Precipitation 24 hours following
09/02/2023	Surface (irrigation)	No precipitation	No precipitation	No precipitation

Source description	Material type	N (lbs/acre)	P (lbs/acre)	K (lbs/acre)	Salt (lbs/acre)	Amount
DW 4	Ground water	6.02	0.00	0.00	240.11	1,248,000.00 *gal*
DW 5	Ground water	4.27	0.00	0.00	1,117.40	2,340,000.00 *gal*
Application event totals		10.29	0.00	0.00	1,357.51	

Field 186 - 11/25/2022: Wheat, silage, soft dough

Field name: Field 186

Crop: Wheat, silage, soft dough

Plant date: 11/25/2022

Application date	Application method	Precipitation 24 hours prior	Precipitation during application	Precipitation 24 hours following

Annual Report - General Order No. R5-2007-0035
Reporting period 01/01/2023 to 12/31/2023.

Field 186 - 11/25/2022: Wheat, silage, soft dough

Application date	Application method	Precipitation 24 hours prior	Precipitation during application	Precipitation 24 hours following
02/17/2023	Surface (irrigation)	No precipitation	No precipitation	No precipitation

Source description	Material type	N (lbs/acre)	P (lbs/acre)	K (lbs/acre)	Salt (lbs/acre)	Amount
WWS	Process wastewater	262.00	26.73	230.25	2,030.55	2,304,000.00 *gal*
DW 4	Ground water	8.94	0.00	0.00	356.79	4,224,000.00 *gal*
Application event totals		270.94	26.73	230.25	2,387.34	

Application date	Application method	Precipitation 24 hours prior	Precipitation during application	Precipitation 24 hours following
03/21/2023	Surface (irrigation)	No precipitation	No precipitation	No precipitation

Source description	Material type	N (lbs/acre)	P (lbs/acre)	K (lbs/acre)	Salt (lbs/acre)	Amount
DW 4	Ground water	9.86	0.00	0.00	393.28	4,656,000.00 *gal*
Application event totals		9.86	0.00	0.00	393.28	

Application date	Application method	Precipitation 24 hours prior	Precipitation during application	Precipitation 24 hours following
04/16/2023	Surface (irrigation)	No precipitation	No precipitation	No precipitation

Source description	Material type	N (lbs/acre)	P (lbs/acre)	K (lbs/acre)	Salt (lbs/acre)	Amount
DW 4	Ground water	5.99	0.00	0.00	239.21	2,832,000.00 *gal*
Application event totals		5.99	0.00	0.00	239.21	

Field 186 - 06/22/2023: Corn, silage

Field name: Field 186

Crop: Corn, silage

Plant date: 06/22/2023

Application date	Application method	Precipitation 24 hours prior	Precipitation during application	Precipitation 24 hours following
06/02/2023	Surface (irrigation)	No precipitation	No precipitation	No precipitation

Source description	Material type	N (lbs/acre)	P (lbs/acre)	K (lbs/acre)	Salt (lbs/acre)	Amount
DW 3	Ground water	28.81	0.00	0.00	1,053.52	6,552,000.00 *gal*
DW 1	Ground water	4.00	0.00	0.00	1,005.89	5,616,000.00 *gal*
Application event totals		32.81	0.00	0.00	2,059.42	

Annual Report - General Order No. R5-2007-0035
Reporting period 01/01/2023 to 12/31/2023.

Field 186 - 06/22/2023: Corn, silage

Application date	Application method	Precipitation 24 hours prior	Precipitation during application	Precipitation 24 hours following
06/22/2023	Sidedress	No precipitation	No precipitation	No precipitation

Source description	Material type	N (lbs/acre)	P (lbs/acre)	K (lbs/acre)	Salt (lbs/acre)	Amount
5-11-4	Solid commercial fertilizer	2.58	5.67	2.06	0.00	
Application event totals		2.58	5.67	2.06	0.00	

07/10/2023	Surface (irrigation)	No precipitation	No precipitation	No precipitation

Source description	Material type	N (lbs/acre)	P (lbs/acre)	K (lbs/acre)	Salt (lbs/acre)	Amount
DW 1	Ground water	5.23	0.00	0.00	1,315.40	7,344,000.00 *gal*
Application event totals		5.23	0.00	0.00	1,315.40	

07/31/2023	Surface (irrigation)	No precipitation	No precipitation	No precipitation

Source description	Material type	N (lbs/acre)	P (lbs/acre)	K (lbs/acre)	Salt (lbs/acre)	Amount
WWS	Process wastewater	108.88	22.77	135.70	937.90	1,440,000.00 *gal*
DW 3	Ground water	20.31	0.00	0.00	742.87	4,620,000.00 *gal*
DW 1	Ground water	2.82	0.00	0.00	709.28	3,960,000.00 *gal*
Application event totals		132.02	22.77	135.70	2,390.05	

08/18/2023	Surface (irrigation)	No precipitation	No precipitation	No precipitation

Source description	Material type	N (lbs/acre)	P (lbs/acre)	K (lbs/acre)	Salt (lbs/acre)	Amount
30.5-0-0	Solid commercial fertilizer	40.54	0.00	0.00	0.00	
Application event totals		40.54	0.00	0.00	0.00	

08/18/2023	Surface (irrigation)	No precipitation	No precipitation	No precipitation

Source description	Material type	N (lbs/acre)	P (lbs/acre)	K (lbs/acre)	Salt (lbs/acre)	Amount
DW 1	Ground water	3.95	0.00	0.00	993.00	5,544,000.00 *gal*
Application event totals		3.95	0.00	0.00	993.00	

09/05/2023	Surface (irrigation)	No precipitation	No precipitation	No precipitation

Source description	Material type	N (lbs/acre)	P (lbs/acre)	K (lbs/acre)	Salt (lbs/acre)	Amount
DW 1	Ground water	3.64	0.00	0.00	915.62	5,112,000.00 *gal*
Application event totals		3.64	0.00	0.00	915.62	

Annual Report - General Order No. R5-2007-0035
Reporting period 01/01/2023 to 12/31/2023.

B. NUTRIENT BUDGET

Field 180 - 10/26/2022: Wheat, silage, soft dough

Field name: Field 180 Crop: Wheat, silage, soft dough Plant date: 10/26/2022

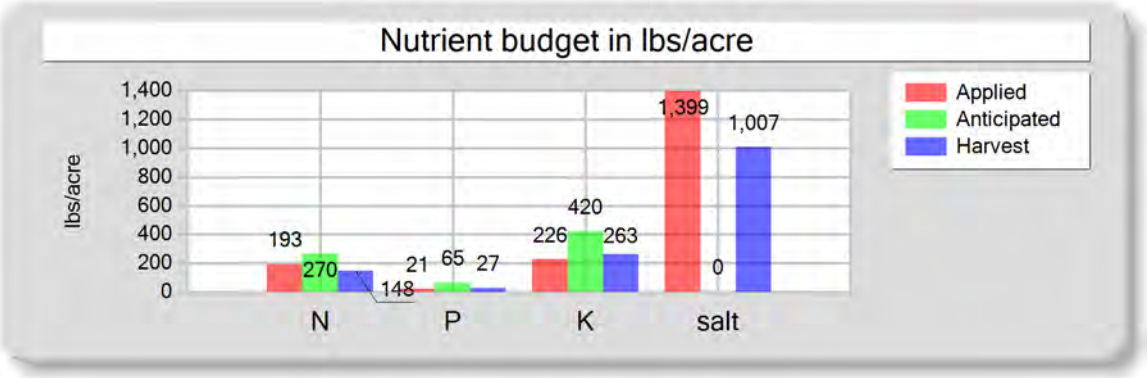

	Total N (lbs/acre)	Total P (lbs/acre)	Total K (lbs/acre)	Total salt (lbs/acre)
Existing soil nutrient content	0.00	0.00	0.00	0.00
Plowdown credit	0.00	0.00	0.00	0.00
Commercial fertilizer / Other	0.00	0.00	0.00	0.00
Dry manure	0.00	0.00	0.00	0.00
Process wastewater	177.34	20.66	226.46	1,051.65
Fresh water	8.70	0.00	0.00	347.05
Atmospheric deposition	7.00	0.00	0.00	0.00
Total nutrients applied	193.04	20.66	226.46	1,398.69
Anticipated crop nutrient removal	270.00	64.50	420.00	0.00
Actual crop nutrient removal	147.75	26.86	263.26	1,007.09
Nutrient balance	45.29	-6.20	-36.79	391.61
Applied to removed ratio	1.31	0.77	0.86	1.39

Fresh water applied	
5,712,000.00	*gallons*
210.35	*acre-inches*
3.69	*inches/acre*

Process wastewater applied	
1,968,000.00	*gallons*
72.47	*acre-inches*
1.27	*inches/acre*

Total harvests for the crop	
1	*harvests*

Annual Report - General Order No. R5-2007-0035
Reporting period 01/01/2023 to 12/31/2023.

Field 180 - 05/23/2023: Corn, silage

Field name: Field 180 Crop: Corn, silage Plant date: 05/23/2023

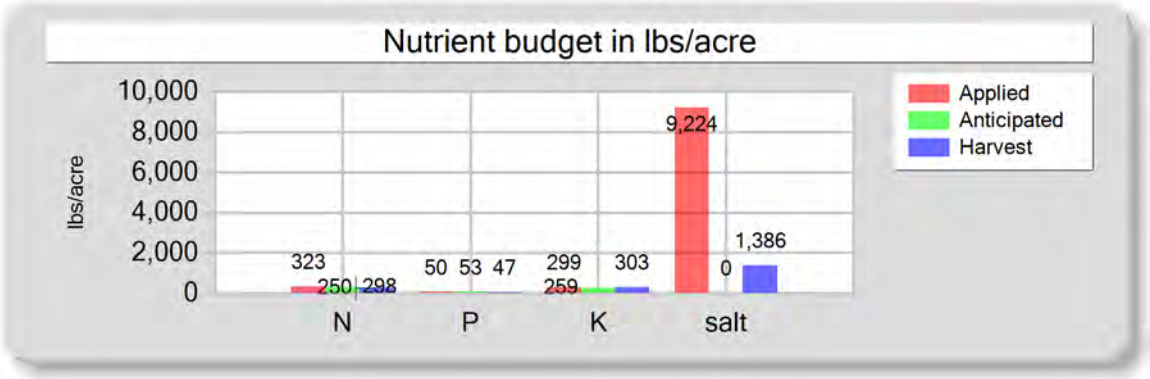

	Total N (lbs/acre)	Total P (lbs/acre)	Total K (lbs/acre)	Total salt (lbs/acre)
Existing soil nutrient content	0.00	0.00	0.00	0.00
Plowdown credit	0.00	0.00	0.00	0.00
Commercial fertilizer / Other	0.00	0.00	0.00	0.00
Dry manure	0.00	0.00	0.00	0.00
Process wastewater	240.18	50.23	299.34	2,068.86
Fresh water	76.11	0.00	0.00	7,154.96
Atmospheric deposition	7.00	0.00	0.00	0.00
Total nutrients applied	323.29	50.23	299.34	9,223.82
Anticipated crop nutrient removal	297.60	52.80	259.20	0.00
Actual crop nutrient removal	250.48	46.60	302.90	1,386.25
Nutrient balance	72.81	3.63	-3.57	7,837.56
Applied to removed ratio	1.29	1.08	0.99	6.65

Fresh water applied	
62,250,000.00	*gallons*
2,292.46	*acre-inches*
40.22	*inches/acre*

Process wastewater applied	
4,416,000.00	*gallons*
162.63	*acre-inches*
2.85	*inches/acre*

Total harvests for the crop	
1	*harvests*

Annual Report - General Order No. R5-2007-0035
Reporting period 01/01/2023 to 12/31/2023.

Field 181 - 10/26/2022: Wheat, silage, soft dough

Field name: Field 181 Crop: Wheat, silage, soft dough Plant date: 10/26/2022

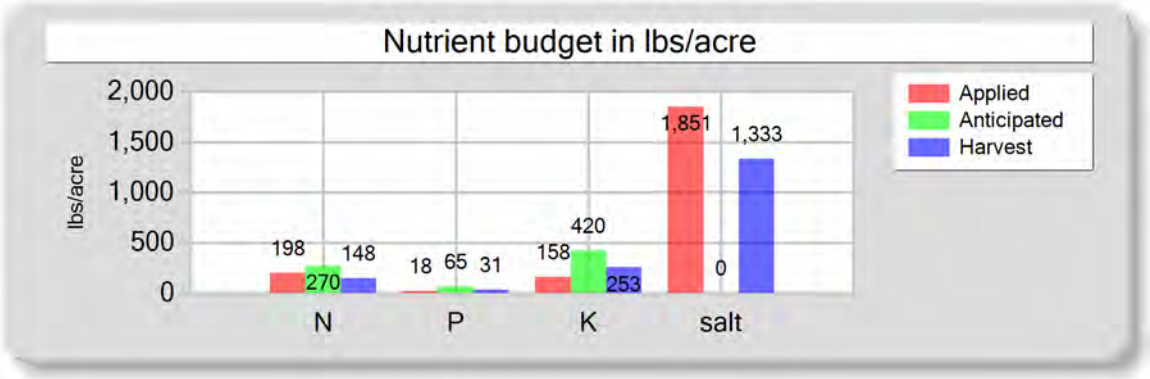

	Total N (lbs/acre)	Total P (lbs/acre)	Total K (lbs/acre)	Total salt (lbs/acre)
Existing soil nutrient content	0.00	0.00	0.00	0.00
Plowdown credit	0.00	0.00	0.00	0.00
Commercial fertilizer / Other	0.00	0.00	0.00	0.00
Dry manure	0.00	0.00	0.00	0.00
Process wastewater	179.91	18.36	158.11	1,394.34
Fresh water	11.44	0.00	0.00	456.32
Atmospheric deposition	7.00	0.00	0.00	0.00
Total nutrients applied	198.35	18.36	158.11	1,850.67
Anticipated crop nutrient removal	270.00	64.50	420.00	0.00
Actual crop nutrient removal	148.01	30.84	252.85	1,332.58
Nutrient balance	50.34	-12.48	-94.74	518.09
Applied to removed ratio	1.34	0.60	0.63	1.39

Fresh water applied	
6,720,000.00	*gallons*
247.47	*acre-inches*
4.85	*inches/acre*

Process wastewater applied	
1,968,000.00	*gallons*
72.47	*acre-inches*
1.42	*inches/acre*

Total harvests for the crop	
1	*harvests*

Annual Report - General Order No. R5-2007-0035
Reporting period 01/01/2023 to 12/31/2023.

Field 181 - 05/16/2023: Corn, silage

Field name: Field 181 Crop: Corn, silage Plant date: 05/16/2023

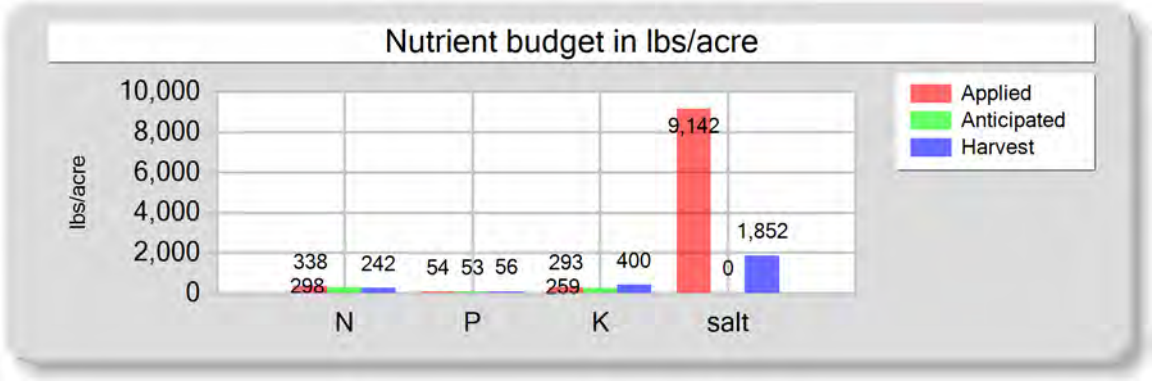

	Total N (lbs/acre)	Total P (lbs/acre)	Total K (lbs/acre)	Total salt (lbs/acre)
Existing soil nutrient content	0.00	0.00	0.00	0.00
Plowdown credit	0.00	0.00	0.00	0.00
Commercial fertilizer / Other	43.12	5.67	2.06	0.00
Dry manure	0.00	0.00	0.00	0.00
Process wastewater	233.42	48.82	290.92	2,010.65
Fresh water	54.07	0.00	0.00	7,131.53
Atmospheric deposition	7.00	0.00	0.00	0.00
Total nutrients applied	337.61	54.49	292.98	9,142.18
Anticipated crop nutrient removal	297.60	52.80	259.20	0.00
Actual crop nutrient removal	242.47	56.39	400.36	1,852.42
Nutrient balance	95.14	-1.90	-107.38	7,289.76
Applied to removed ratio	1.39	0.97	0.73	4.94

Fresh water applied	
53,406,000.00	*gallons*
1,966.76	*acre-inches*
38.56	*inches/acre*

Process wastewater applied	
3,840,000.00	*gallons*
141.41	*acre-inches*
2.77	*inches/acre*

Total harvests for the crop	
1	*harvests*

Annual Report - General Order No. R5-2007-0035
Reporting period 01/01/2023 to 12/31/2023.

Field 182 - 10/26/2022: Wheat, silage, soft dough

Field name: Field 182 Crop: Wheat, silage, soft dough Plant date: 10/26/2022

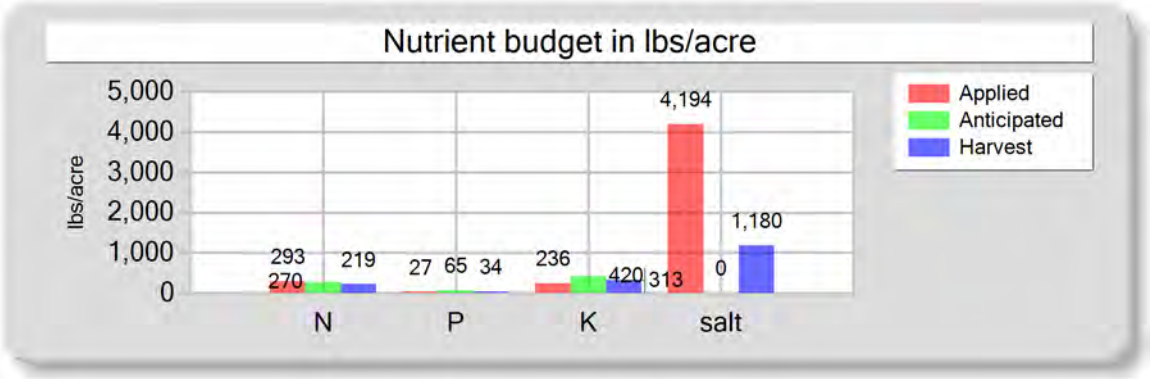

	Total N (lbs/acre)	Total P (lbs/acre)	Total K (lbs/acre)	Total salt (lbs/acre)
Existing soil nutrient content	0.00	0.00	0.00	0.00
Plowdown credit	0.00	0.00	0.00	0.00
Commercial fertilizer / Other	0.00	0.00	0.00	0.00
Dry manure	0.00	0.00	0.00	0.00
Process wastewater	267.25	27.40	236.01	2,081.31
Fresh water	18.98	0.00	0.00	2,112.71
Atmospheric deposition	7.00	0.00	0.00	0.00
Total nutrients applied	293.24	27.40	236.01	4,194.02
Anticipated crop nutrient removal	270.00	64.50	420.00	0.00
Actual crop nutrient removal	218.80	34.38	312.58	1,179.66
Nutrient balance	74.43	-6.99	-76.57	3,014.36
Applied to removed ratio	1.34	0.80	0.76	3.56

Fresh water applied	
9,120,000.00	*gallons*
335.86	*acre-inches*
13.43	*inches/acre*

Process wastewater applied	
1,440,000.00	*gallons*
53.03	*acre-inches*
2.12	*inches/acre*

Total harvests for the crop	
1	*harvests*

Annual Report - General Order No. R5-2007-0035
Reporting period 01/01/2023 to 12/31/2023.

Field 182 - 05/16/2023: Corn, silage

Field name: Field 182 Crop: Corn, silage Plant date: 05/16/2023

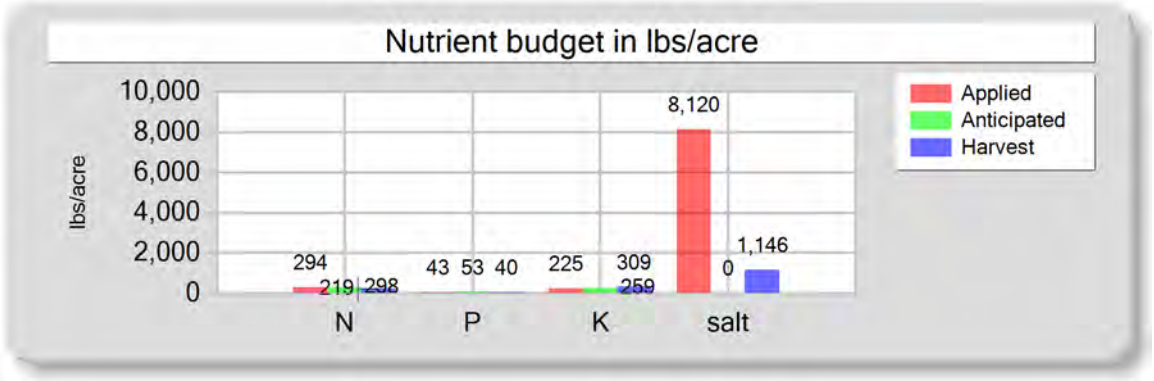

	Total N (lbs/acre)	Total P (lbs/acre)	Total K (lbs/acre)	Total salt (lbs/acre)
Existing soil nutrient content	0.00	0.00	0.00	0.00
Plowdown credit	0.00	0.00	0.00	0.00
Commercial fertilizer / Other	43.12	5.67	2.06	0.00
Dry manure	0.00	0.00	0.00	0.00
Process wastewater	178.57	37.35	222.55	1,538.15
Fresh water	65.64	0.00	0.00	6,582.11
Atmospheric deposition	7.00	0.00	0.00	0.00
Total nutrients applied	294.33	43.02	224.61	8,120.26
Anticipated crop nutrient removal	297.60	52.80	259.20	0.00
Actual crop nutrient removal	219.00	39.82	308.59	1,146.05
Nutrient balance	75.34	3.20	-83.98	6,974.21
Applied to removed ratio	1.34	1.08	0.73	7.09

Fresh water applied	
27,828,000.00	*gallons*
1,024.81	*acre-inches*
40.99	*inches/acre*

Process wastewater applied	
1,440,000.00	*gallons*
53.03	*acre-inches*
2.12	*inches/acre*

Total harvests for the crop	
1	*harvests*

Annual Report - General Order No. R5-2007-0035
Reporting period 01/01/2023 to 12/31/2023.

Field 183 - 11/25/2022: Wheat, silage, soft dough

Field name: Field 183 Crop: Wheat, silage, soft dough Plant date: 11/25/2022

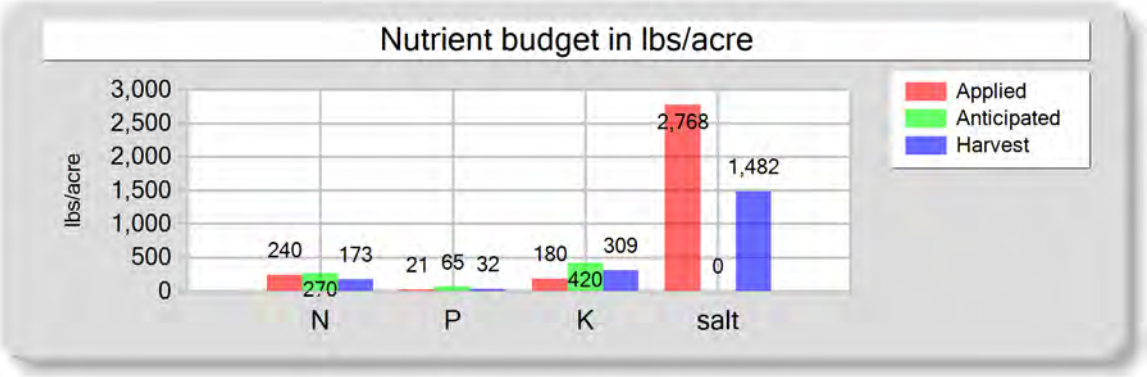

	Total N (lbs/acre)	Total P (lbs/acre)	Total K (lbs/acre)	Total salt (lbs/acre)
Existing soil nutrient content	0.00	0.00	0.00	0.00
Plowdown credit	0.00	0.00	0.00	0.00
Commercial fertilizer / Other	0.00	0.00	0.00	0.00
Dry manure	0.00	0.00	0.00	0.00
Process wastewater	203.62	20.87	179.82	1,585.76
Fresh water	29.64	0.00	0.00	1,182.62
Atmospheric deposition	7.00	0.00	0.00	0.00
Total nutrients applied	240.26	20.87	179.82	2,768.38
Anticipated crop nutrient removal	270.00	64.50	420.00	0.00
Actual crop nutrient removal	172.58	32.11	309.03	1,481.80
Nutrient balance	67.68	-11.23	-129.22	1,286.59
Applied to removed ratio	1.39	0.65	0.58	1.87

Fresh water applied	
11,952,000.00	*gallons*
440.15	*acre-inches*
12.58	*inches/acre*

Process wastewater applied	
1,536,000.00	*gallons*
56.57	*acre-inches*
1.62	*inches/acre*

Total harvests for the crop	
1	*harvests*

Annual Report - General Order No. R5-2007-0035
Reporting period 01/01/2023 to 12/31/2023.

Field 183 - 06/20/2023: Corn, silage

Field name: Field 183 Crop: Corn, silage Plant date: 06/20/2023

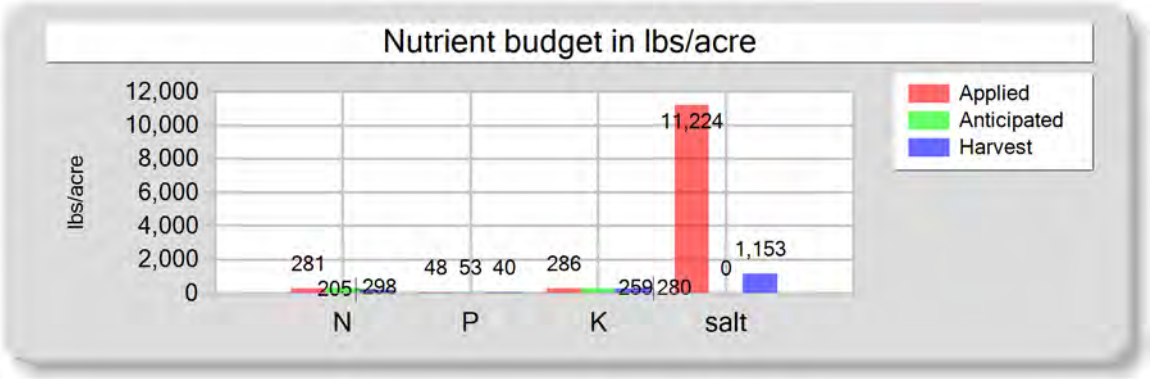

	Total N (lbs/acre)	Total P (lbs/acre)	Total K (lbs/acre)	Total salt (lbs/acre)
Existing soil nutrient content	0.00	0.00	0.00	0.00
Plowdown credit	0.00	0.00	0.00	0.00
Commercial fertilizer / Other	0.00	0.00	0.00	0.00
Dry manure	0.00	0.00	0.00	0.00
Process wastewater	229.28	48.02	286.14	1,977.62
Fresh water	44.45	0.00	0.00	9,246.28
Atmospheric deposition	7.00	0.00	0.00	0.00
Total nutrients applied	280.73	48.02	286.14	11,223.91
Anticipated crop nutrient removal	297.60	52.80	259.20	0.00
Actual crop nutrient removal	205.06	40.01	280.09	1,152.96
Nutrient balance	75.66	8.01	6.05	10,070.95
Applied to removed ratio	1.37	1.20	1.02	9.73

Fresh water applied	
40,230,000.00	*gallons*
1,481.53	*acre-inches*
42.33	*inches/acre*

Process wastewater applied	
2,592,000.00	*gallons*
95.45	*acre-inches*
2.73	*inches/acre*

Total harvests for the crop	
1	*harvests*

Annual Report - General Order No. R5-2007-0035
Reporting period 01/01/2023 to 12/31/2023.

Field 184 - 11/25/2022: Wheat, silage, soft dough

Field name: Field 184 Crop: Wheat, silage, soft dough Plant date: 11/25/2022

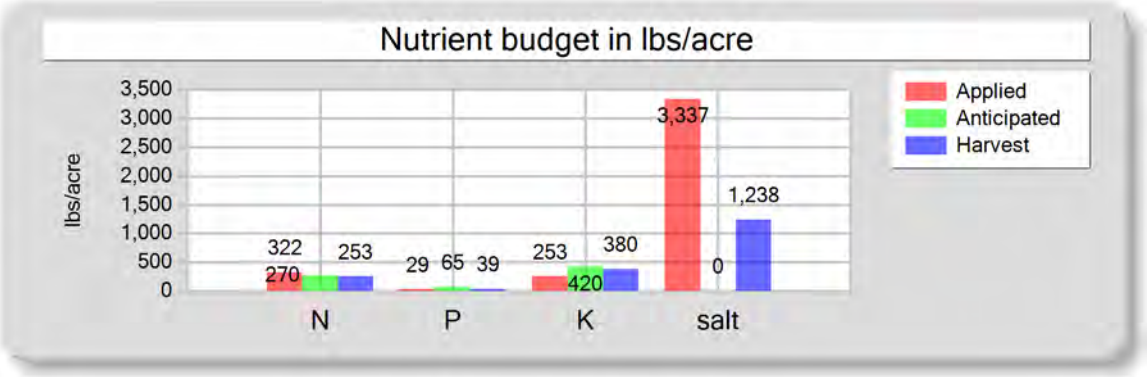

	Total N (lbs/acre)	Total P (lbs/acre)	Total K (lbs/acre)	Total salt (lbs/acre)
Existing soil nutrient content	0.00	0.00	0.00	0.00
Plowdown credit	0.00	0.00	0.00	0.00
Commercial fertilizer / Other	0.00	0.00	0.00	0.00
Dry manure	0.00	0.00	0.00	0.00
Process wastewater	287.73	29.36	252.87	2,229.97
Fresh water	27.73	0.00	0.00	1,106.63
Atmospheric deposition	7.00	0.00	0.00	0.00
Total nutrients applied	322.47	29.36	252.87	3,336.61
Anticipated crop nutrient removal	270.00	64.50	420.00	0.00
Actual crop nutrient removal	252.62	38.64	380.41	1,237.81
Nutrient balance	69.85	-9.28	-127.54	2,098.79
Applied to removed ratio	1.28	0.76	0.66	2.70

Fresh water applied	
11,184,000.00	*gallons*
411.87	*acre-inches*
11.77	*inches/acre*

Process wastewater applied	
2,160,000.00	*gallons*
79.55	*acre-inches*
2.27	*inches/acre*

Total harvests for the crop	
1	*harvests*

Annual Report - General Order No. R5-2007-0035
Reporting period 01/01/2023 to 12/31/2023.

Field 184 - 06/20/2023: Corn, silage

Field name: Field 184 Crop: Corn, silage Plant date: 06/20/2023

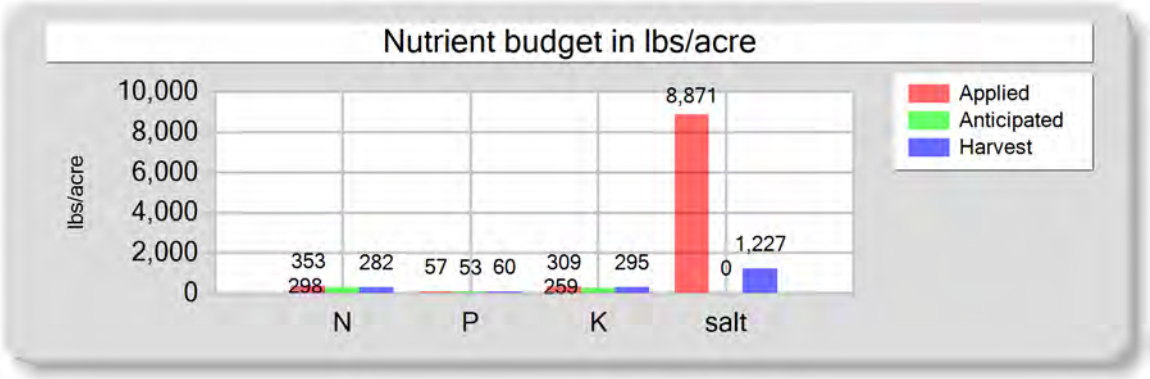

	Total N (lbs/acre)	Total P (lbs/acre)	Total K (lbs/acre)	Total salt (lbs/acre)
Existing soil nutrient content	0.00	0.00	0.00	0.00
Plowdown credit	0.00	0.00	0.00	0.00
Commercial fertilizer / Other	43.12	5.67	2.06	0.00
Dry manure	0.00	0.00	0.00	0.00
Process wastewater	246.60	51.58	307.33	2,124.11
Fresh water	55.96	0.00	0.00	6,746.76
Atmospheric deposition	7.00	0.00	0.00	0.00
Total nutrients applied	352.68	57.25	309.39	8,870.87
Anticipated crop nutrient removal	297.60	52.80	259.20	0.00
Actual crop nutrient removal	281.52	60.00	295.37	1,226.94
Nutrient balance	71.16	-2.75	14.02	7,643.94
Applied to removed ratio	1.25	0.95	1.05	7.23

Fresh water applied	
36,042,000.00	*gallons*
1,327.30	*acre-inches*
37.92	*inches/acre*

Process wastewater applied	
2,784,000.00	*gallons*
102.53	*acre-inches*
2.93	*inches/acre*

Total harvests for the crop	
1	*harvests*

Annual Report - General Order No. R5-2007-0035
Reporting period 01/01/2023 to 12/31/2023.

Field 185 - 11/25/2022: Wheat, silage, soft dough

Field name: Field 185 Crop: Wheat, silage, soft dough Plant date: 11/25/2022

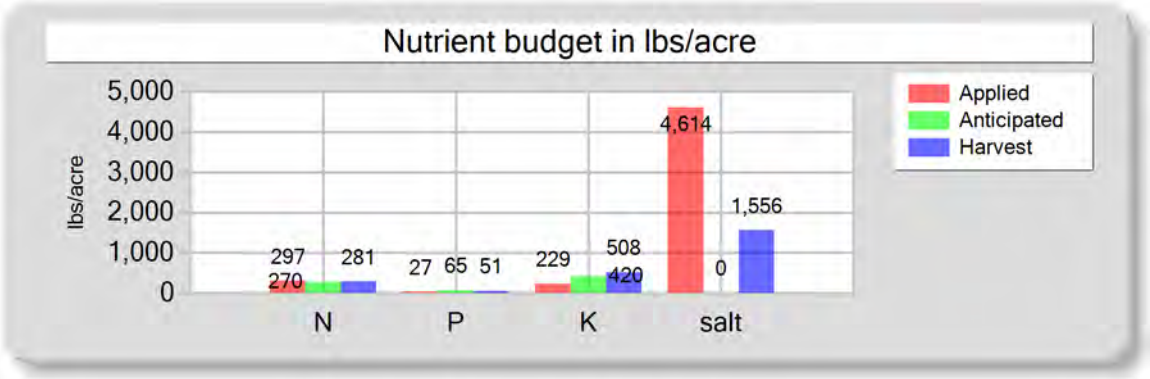

	Total N (lbs/acre)	Total P (lbs/acre)	Total K (lbs/acre)	Total salt (lbs/acre)
Existing soil nutrient content	0.00	0.00	0.00	0.00
Plowdown credit	0.00	0.00	0.00	0.00
Commercial fertilizer / Other	0.00	0.00	0.00	0.00
Dry manure	0.00	0.00	0.00	0.00
Process wastewater	261.09	26.64	229.45	2,023.50
Fresh water	29.32	0.00	0.00	2,590.37
Atmospheric deposition	7.00	0.00	0.00	0.00
Total nutrients applied	297.42	26.64	229.45	4,613.87
Anticipated crop nutrient removal	270.00	64.50	420.00	0.00
Actual crop nutrient removal	281.19	51.13	508.06	1,556.38
Nutrient balance	16.23	-24.49	-278.60	3,057.48
Applied to removed ratio	1.06	0.52	0.45	2.96

Fresh water applied	
8,262,000.00	*gallons*
304.26	*acre-inches*
16.90	*inches/acre*

Process wastewater applied	
1,008,000.00	*gallons*
37.12	*acre-inches*
2.06	*inches/acre*

Total harvests for the crop	
1	*harvests*

Annual Report - General Order No. R5-2007-0035
Reporting period 01/01/2023 to 12/31/2023.

Field 185 - 06/22/2023: Corn, silage

Field name: Field 185 Crop: Corn, silage Plant date: 06/22/2023

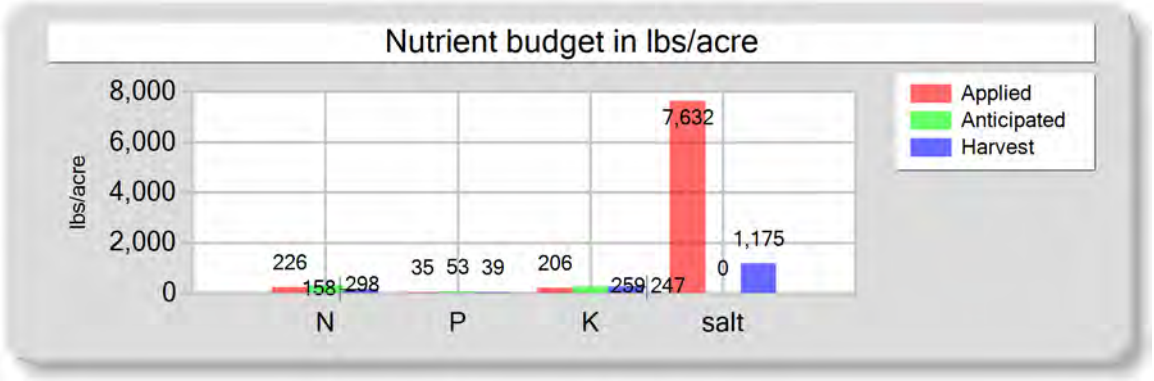

	Total N (lbs/acre)	Total P (lbs/acre)	Total K (lbs/acre)	Total salt (lbs/acre)
Existing soil nutrient content	0.00	0.00	0.00	0.00
Plowdown credit	0.00	0.00	0.00	0.00
Commercial fertilizer / Other	0.00	0.00	0.00	0.00
Dry manure	0.00	0.00	0.00	0.00
Process wastewater	165.34	34.58	206.07	1,424.21
Fresh water	53.36	0.00	0.00	6,207.90
Atmospheric deposition	7.00	0.00	0.00	0.00
Total nutrients applied	225.70	34.58	206.07	7,632.11
Anticipated crop nutrient removal	297.60	52.80	259.20	0.00
Actual crop nutrient removal	157.99	39.50	246.87	1,175.33
Nutrient balance	67.71	-4.92	-40.80	6,456.78
Applied to removed ratio	1.43	0.88	0.83	6.49

Fresh water applied	
17,328,000.00	*gallons*
638.13	*acre-inches*
35.45	*inches/acre*

Process wastewater applied	
960,000.00	*gallons*
35.35	*acre-inches*
1.96	*inches/acre*

Total harvests for the crop	
1	*harvests*

Annual Report - General Order No. R5-2007-0035
Reporting period 01/01/2023 to 12/31/2023.

Field 186 - 11/25/2022: Wheat, silage, soft dough

Field name: Field 186 Crop: Wheat, silage, soft dough Plant date: 11/25/2022

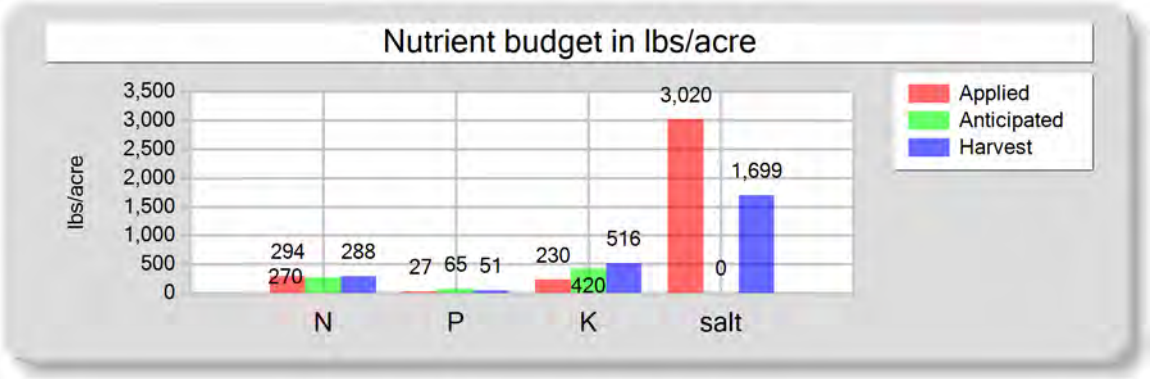

	Total N (lbs/acre)	Total P (lbs/acre)	Total K (lbs/acre)	Total salt (lbs/acre)
Existing soil nutrient content	0.00	0.00	0.00	0.00
Plowdown credit	0.00	0.00	0.00	0.00
Commercial fertilizer / Other	0.00	0.00	0.00	0.00
Dry manure	0.00	0.00	0.00	0.00
Process wastewater	262.00	26.73	230.25	2,030.55
Fresh water	24.79	0.00	0.00	989.29
Atmospheric deposition	7.00	0.00	0.00	0.00
Total nutrients applied	293.79	26.73	230.25	3,019.83
Anticipated crop nutrient removal	270.00	64.50	420.00	0.00
Actual crop nutrient removal	288.18	50.67	516.19	1,698.66
Nutrient balance	5.62	-23.94	-285.93	1,321.17
Applied to removed ratio	1.02	0.53	0.45	1.78

Fresh water applied	
11,712,000.00	*gallons*
431.31	*acre-inches*
10.52	*inches/acre*

Process wastewater applied	
2,304,000.00	*gallons*
84.85	*acre-inches*
2.07	*inches/acre*

Total harvests for the crop	
1	*harvests*

Annual Report - General Order No. R5-2007-0035
Reporting period 01/01/2023 to 12/31/2023.

Field 186 - 06/22/2023: Corn, silage

Field name: Field 186 Crop: Corn, silage Plant date: 06/22/2023

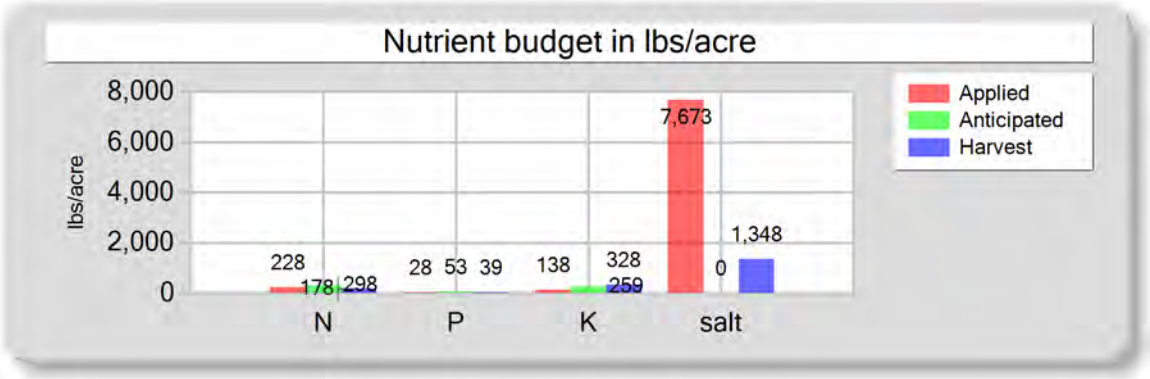

	Total N (lbs/acre)	Total P (lbs/acre)	Total K (lbs/acre)	Total salt (lbs/acre)
Existing soil nutrient content	0.00	0.00	0.00	0.00
Plowdown credit	0.00	0.00	0.00	0.00
Commercial fertilizer / Other	43.12	5.67	2.06	0.00
Dry manure	0.00	0.00	0.00	0.00
Process wastewater	108.88	22.77	135.70	937.90
Fresh water	68.76	0.00	0.00	6,735.59
Atmospheric deposition	7.00	0.00	0.00	0.00
Total nutrients applied	227.76	28.44	137.76	7,673.48
Anticipated crop nutrient removal	297.60	52.80	259.20	0.00
Actual crop nutrient removal	177.68	38.87	327.60	1,348.28
Nutrient balance	50.08	-10.42	-189.84	6,325.21
Applied to removed ratio	1.28	0.73	0.42	5.69

Fresh water applied	
38,748,000.00	*gallons*
1,426.96	*acre-inches*
34.80	*inches/acre*

Process wastewater applied	
1,440,000.00	*gallons*
53.03	*acre-inches*
1.29	*inches/acre*

Total harvests for the crop	
1	*harvests*

Annual Report - General Order No. R5-2007-0035
Reporting period 01/01/2023 to 12/31/2023.

NUTRIENT ANALYSES

A. MANURE ANALYSES

Corral Solids

Sample and source description: Corral Solids
Sample date: 09/28/2022 Material type: Corral solids Source of analysis: Lab analysis Method of reporting: Dry-weight
Moisture: 20.2 %

	Total N (mg/kg)	Total P (mg/kg)	Total K (mg/kg)	Calcium (mg/kg)	Magnesium (mg/kg)	Sodium (mg/kg)	Sulfur (mg/kg)	Chloride (mg/kg)	Total salt (mg/kg)	TFS (%)
Value	21,800.00	6,600.00	35,800.00							0.00
DL	100.00	100.00	100.00							0.01

Corral Solids

Sample and source description: Corral Solids
Sample date: 09/28/2022 Material type: Corral solids Source of analysis: Lab analysis Method of reporting: Dry-weight
Moisture: 11.7 %

	Total N (mg/kg)	Total P (mg/kg)	Total K (mg/kg)	Calcium (mg/kg)	Magnesium (mg/kg)	Sodium (mg/kg)	Sulfur (mg/kg)	Chloride (mg/kg)	Total salt (mg/kg)	TFS (%)
Value	19,500.00	7,100.00	28,900.00							0.00
DL	100.00	100.00	100.00							0.01

Separator Solids

Sample and source description: Separator Solids
Sample date: 09/28/2022 Material type: Separator solids Source of analysis: Lab analysis Method of reporting: As-is
Moisture: 76.0 %

	Total N (mg/kg)	Total P (mg/kg)	Total K (mg/kg)	Calcium (mg/kg)	Magnesium (mg/kg)	Sodium (mg/kg)	Sulfur (mg/kg)	Chloride (mg/kg)	Total salt (mg/kg)	TFS (%)
Value	20,500.00	4,500.00	17,400.00							0.00
DL	100.00	100.00	100.00							0.01

Annual Report - General Order No. R5-2007-0035
Reporting period 01/01/2023 to 12/31/2023.

Corral Solids

Sample and source description: Corral Solids
Sample date: 04/20/2023 Material type: Corral solids Source of analysis: Lab analysis Method of reporting: Dry-weight
Moisture: 14.3 %

	Total N (mg/kg)	Total P (mg/kg)	Total K (mg/kg)	Calcium (mg/kg)	Magnesium (mg/kg)	Sodium (mg/kg)	Sulfur (mg/kg)	Chloride (mg/kg)	Total salt (mg/kg)	TFS (%)
Value	12,900.00	7,300.00	35,000.00							0.00
DL	100.00	100.00	100.00							0.01

Separator Solids

Sample and source description: Separator Solids
Sample date: 04/20/2023 Material type: Separator solids Source of analysis: Lab analysis Method of reporting: Dry-weight
Moisture: 76.1 %

	Total N (mg/kg)	Total P (mg/kg)	Total K (mg/kg)	Calcium (mg/kg)	Magnesium (mg/kg)	Sodium (mg/kg)	Sulfur (mg/kg)	Chloride (mg/kg)	Total salt (mg/kg)	TFS (%)
Value	19,600.00	2,900.00	19,800.00	2,900.00	1,400.00	500.00	1,900.00	2,000.00		13.70
DL	100.00	100.00	100.00	100.00	100.00	100.00	100.00	1,000.00		0.01

Corral Solids

Sample and source description: Corral Solids
Sample date: 10/10/2023 Material type: Corral solids Source of analysis: Lab analysis Method of reporting: Dry-weight
Moisture: 44.4 %

	Total N (mg/kg)	Total P (mg/kg)	Total K (mg/kg)	Calcium (mg/kg)	Magnesium (mg/kg)	Sodium (mg/kg)	Sulfur (mg/kg)	Chloride (mg/kg)	Total salt (mg/kg)	TFS (%)
Value	28,800.00	7,100.00	32,400.00	15,700.00	10,600.00	6,100.00	5,200.00	11,000.00		27.60
DL	100.00	100.00	100.00	100.00	100.00	100.00	100.00	1,000.00		0.01

Annual Report - General Order No. R5-2007-0035
Reporting period 01/01/2023 to 12/31/2023.

Separator Soldis

Sample and source description: Separator Soldis

Sample date: 10/10/2023 Material type: Separator solids Source of analysis: Lab analysis Method of reporting: Dry-weight

Moisture: 77.9 %

	Total N (mg/kg)	Total P (mg/kg)	Total K (mg/kg)	Calcium (mg/kg)	Magnesium (mg/kg)	Sodium (mg/kg)	Sulfur (mg/kg)	Chloride (mg/kg)	Total salt (mg/kg)	TFS (%)
Value	21,100.00	3,200.00	9,300.00	9,600.00	4,900.00	2,100.00	3,200.00	3,000.00		15.50
DL	100.00	100.00	100.00	100.00	100.00	100.00	100.00	1,000.00		0.01

B. PROCESS WASTEWATER ANALYSES

WWQ4

Sample and source description: WWQ4

Sample date: 10/20/2022 Material type: Process wastewater Source of analysis: Lab analysis pH: 7.70

	Kjeldahl-N (mg/L)	NH4-N (mg/L)	NH3-N (mg/L)	Nitrate-N (mg/L)	Total P (mg/L)	Total K (mg/L)	Calcium (mg/L)	Magnes. (mg/L)	Sodium (mg/L)	Bicarb. (mg/L)	Carb. (mg/L)	Sulfate (mg/L)	Chloride (mg/L)	EC (µmhos/cm)	TDS (mg/L)
Value	613.00	477.00	0.00	2.50	71.70	786.00								8,100.00	3,650
DL	1.00	0.50	0.50	0.10	0.50	0.50								10.00	10

WWQ1

Sample and source description: WWQ1

Sample date: 02/16/2023 Material type: Process wastewater Source of analysis: Lab analysis pH: 7.40

	Kjeldahl-N (mg/L)	NH4-N (mg/L)	NH3-N (mg/L)	Nitrate-N (mg/L)	Total P (mg/L)	Total K (mg/L)	Calcium (mg/L)	Magnes. (mg/L)	Sodium (mg/L)	Bicarb. (mg/L)	Carb. (mg/L)	Sulfate (mg/L)	Chloride (mg/L)	EC (µmhos/cm)	TDS (mg/L)
Value	556.00	351.00	0.00	2.70	57.00	491.00								7,290.00	4,330
DL	0.50	0.50	0.50	0.50	0.50	0.50								10.00	10

Annual Report - General Order No. R5-2007-0035
Reporting period 01/01/2023 to 12/31/2023.

WWQ2

Sample and source description: WWQ2

Sample date: 06/09/2023 Material type: Process wastewater Source of analysis: Lab analysis pH: 7.80

	Kjeldahl-N (mg/L)	NH4-N (mg/L)	NH3-N (mg/L)	Nitrate-N (mg/L)	Total P (mg/L)	Total K (mg/L)	Calcium (mg/L)	Magnes. (mg/L)	Sodium (mg/L)	Bicarb. (mg/L)	Carb. (mg/L)	Sulfate (mg/L)	Chloride (mg/L)	EC (µmhos/cm)	TDS (mg/L)
Value	6.72	4.76	0.00	23.90	3.49	31.40								1,180.00	680
DL	0.50	0.50	0.50	0.50	0.50	0.50								10.00	10

WWQ3

Sample and source description: WWQ3

Sample date: 09/08/2023 Material type: Process wastewater Source of analysis: Lab analysis pH: 8.20

	Kjeldahl-N (mg/L)	NH4-N (mg/L)	NH3-N (mg/L)	Nitrate-N (mg/L)	Total P (mg/L)	Total K (mg/L)	Calcium (mg/L)	Magnes. (mg/L)	Sodium (mg/L)	Bicarb. (mg/L)	Carb. (mg/L)	Sulfate (mg/L)	Chloride (mg/L)	EC (µmhos/cm)	TDS (mg/L)
Value	34.20	19.20	0.00	1.70	8.37	49.80	56.90	23.20	38.00	269.00	0.00	10.20	55.50	743.00	400
DL	0.50	0.50	0.50	0.50	0.50	0.50	0.10	0.10	1.00	10.00	1.00	0.50	0.20	10.00	10

WWQ3 NW Corner WWS #1

Sample and source description: WWQ3 NW Corner WWS #1

Sample date: 09/20/2023 Material type: Process wastewater Source of analysis: Lab analysis pH: 7.50

	Kjeldahl-N (mg/L)	NH4-N (mg/L)	NH3-N (mg/L)	Nitrate-N (mg/L)	Total P (mg/L)	Total K (mg/L)	Calcium (mg/L)	Magnes. (mg/L)	Sodium (mg/L)	Bicarb. (mg/L)	Carb. (mg/L)	Sulfate (mg/L)	Chloride (mg/L)	EC (µmhos/cm)	TDS (mg/L)
Value	371.00	222.00	0.00	0.50	77.70	463.00								4,770.00	3,200
DL	1.00	0.50	0.50	0.10	0.10	0.50								10.00	10

WWQ4

Sample and source description: WWQ4

Sample date: 10/25/2023 Material type: Process wastewater Source of analysis: Lab analysis pH: 7.40

	Kjeldahl-N (mg/L)	NH4-N (mg/L)	NH3-N (mg/L)	Nitrate-N (mg/L)	Total P (mg/L)	Total K (mg/L)	Calcium (mg/L)	Magnes. (mg/L)	Sodium (mg/L)	Bicarb. (mg/L)	Carb. (mg/L)	Sulfate (mg/L)	Chloride (mg/L)	EC (µmhos/cm)	TDS (mg/L)
Value	540.00	146.00	0.00	0.00	105.00	403.00								3,700.00	3,350
DL	1.00	0.50	0.50	0.10	0.10	0.50								10.00	10

Annual Report - General Order No. R5-2007-0035
Reporting period 01/01/2023 to 12/31/2023.

C. FRESH WATER ANALYSES

DW 1

Ag Supply Well

Sample description: Ag Supply Well

Sample date: 11/21/2023 Source of analysis: Lab analysis

	Total N (mg/L)	NH4-N (mg/L)	Nitrate-N (mg/L)	Calcium (mg/L)	Magnesium (mg/L)	Sodium (mg/L)	Bicarbonate (mg/L)	Carbonate (mg/L)	Sulfate (mg/L)	Chloride (mg/L)	EC (µmhos/cm)	TDS (mg/L)
Value	3.50	0.00	3.50								1,580.00	880
DL	1.00	0.50	0.50								10.00	10

DW 3

Ag Supply Well

Sample description: Ag Supply Well

Sample date: 08/31/2023 Source of analysis: Lab analysis

	Total N (mg/L)	NH4-N (mg/L)	Nitrate-N (mg/L)	Calcium (mg/L)	Magnesium (mg/L)	Sodium (mg/L)	Bicarbonate (mg/L)	Carbonate (mg/L)	Sulfate (mg/L)	Chloride (mg/L)	EC (µmhos/cm)	TDS (mg/L)
Value	21.60	0.00	21.40								1,270.00	790
DL	1.00	0.50	0.50								10.00	10

DW 4

Ag Supply Well

Sample description: Ag Supply Well

Sample date: 08/31/2023 Source of analysis: Lab analysis

	Total N (mg/L)	NH4-N (mg/L)	Nitrate-N (mg/L)	Calcium (mg/L)	Magnesium (mg/L)	Sodium (mg/L)	Bicarbonate (mg/L)	Carbonate (mg/L)	Sulfate (mg/L)	Chloride (mg/L)	EC (µmhos/cm)	TDS (mg/L)
Value	10.40	0.00	10.30								731.00	415
DL	1.00	0.50	0.10								10.00	10

Annual Report - General Order No. R5-2007-0035
Reporting period 01/01/2023 to 12/31/2023.

DW 5

Ag Supply Well

Sample description: Ag Supply Well

Sample date: 11/21/2023 Source of analysis: Lab analysis

	Total N (mg/L)	NH4-N (mg/L)	Nitrate-N (mg/L)	Calcium (mg/L)	Magnesium (mg/L)	Sodium (mg/L)	Bicarbonate (mg/L)	Carbonate (mg/L)	Sulfate (mg/L)	Chloride (mg/L)	EC (µmhos/cm)	TDS (mg/L)
Value	3.94	0.00	3.90								1,810.00	1,030
DL	1.00	0.50	0.50								10.00	10

D. SOIL ANALYSES

No soil analyses entered.

E. PLANT TISSUE ANALYSES

Field 180 - 10/26/2022: Wheat, silage, soft dough

Wheat Silage

Sample and source description: Wheat Silage

Sample date: 05/18/2023 Source of analysis: Lab analysis Method of reporting: As-is

Moisture: 67.4 %

	Total N (mg/kg)	Total P (mg/kg)	Total K (mg/kg)	Total salt (mg/kg)	TFS (%)
Value	5,500.00	1,000.00	9,800.00		11.50
DL	100.00	100.00	100.00		0.01

Field 180 - 05/23/2023: Corn, silage

Annual Report - General Order No. R5-2007-0035
Reporting period 01/01/2023 to 12/31/2023.

Field 180 - 05/23/2023: Corn, silage

Corn Silage

Sample and source description: Corn Silage
Sample date: 09/21/2023 Source of analysis: Lab analysis Method of reporting: As-is
Moisture: 67.4 %

	Total N (mg/kg)	Total P (mg/kg)	Total K (mg/kg)	Total salt (mg/kg)	TFS (%)
Value	4,300.00	800.00	5,200.00		7.30
DL	100.00	100.00	100.00		0.01

Field 181 - 10/26/2022: Wheat, silage, soft dough

Wheat Silage

Sample and source description: Wheat Silage
Sample date: 05/18/2023 Source of analysis: Lab analysis Method of reporting: As-is
Moisture: 70.8 %

	Total N (mg/kg)	Total P (mg/kg)	Total K (mg/kg)	Total salt (mg/kg)	TFS (%)
Value	4,800.00	1,000.00	8,200.00		14.80
DL	100.00	100.00	100.00		0.01

Field 181 - 05/16/2023: Corn, silage

Corn Silage

Sample and source description: Corn Silage
Sample date: 09/05/2023 Source of analysis: Lab analysis Method of reporting: As-is
Moisture: 63.9 %

	Total N (mg/kg)	Total P (mg/kg)	Total K (mg/kg)	Total salt (mg/kg)	TFS (%)
Value	4,300.00	1,000.00	7,100.00		9.10
DL	100.00	100.00	100.00		0.01

Annual Report - General Order No. R5-2007-0035
Reporting period 01/01/2023 to 12/31/2023.

Field 182 - 10/26/2022: Wheat, silage, soft dough

Wheat Silage

Sample and source description: Wheat Silage
Sample date: 05/18/2023 Source of analysis: Lab analysis Method of reporting: As-is
Moisture: 63.0 %

	Total N (mg/kg)	Total P (mg/kg)	Total K (mg/kg)	Total salt (mg/kg)	TFS (%)
Value	7,000.00	1,100.00	10,000.00		10.20
DL	100.00	100.00	100.00		0.01

Field 182 - 05/16/2023: Corn, silage

Corn Silage

Sample and source description: Corn Silage
Sample date: 09/05/2023 Source of analysis: Lab analysis Method of reporting: As-is
Moisture: 60.3 %

	Total N (mg/kg)	Total P (mg/kg)	Total K (mg/kg)	Total salt (mg/kg)	TFS (%)
Value	4,400.00	800.00	6,200.00		5.80
DL	100.00	100.00	100.00		0.01

Field 183 - 11/25/2022: Wheat, silage, soft dough

Wheat Silage

Sample and source description: Wheat Silage
Sample date: 06/06/2023 Source of analysis: Lab analysis Method of reporting: As-is
Moisture: 60.3 %

	Total N (mg/kg)	Total P (mg/kg)	Total K (mg/kg)	Total salt (mg/kg)	TFS (%)
Value	4,300.00	800.00	7,700.00		9.30
DL	100.00	100.00	100.00		0.01

Annual Report - General Order No. R5-2007-0035
Reporting period 01/01/2023 to 12/31/2023.

Field 183 - 06/20/2023: Corn, silage

Corn Silage

Sample and source description: Corn Silage
Sample date: 10/31/2023 Source of analysis: Lab analysis Method of reporting: As-is
Moisture: 66.1 %

	Total N (mg/kg)	Total P (mg/kg)	Total K (mg/kg)	Total salt (mg/kg)	TFS (%)
Value	4,100.00	800.00	5,600.00		6.80
DL	100.00	100.00	100.00		0.01

Field 184 - 11/25/2022: Wheat, silage, soft dough

Wheat Silage

Sample and source description: Wheat Silage
Sample date: 06/06/2023 Source of analysis: Lab analysis Method of reporting: As-is
Moisture: 49.1 %

	Total N (mg/kg)	Total P (mg/kg)	Total K (mg/kg)	Total salt (mg/kg)	TFS (%)
Value	12,400.00	1,900.00	18,600.00		11.90
DL	100.00	100.00	100.00		0.01

Field 184 - 06/20/2023: Corn, silage

Corn Silage

Sample and source description: Corn Silage
Sample date: 10/24/2023 Source of analysis: Lab analysis Method of reporting: As-is
Moisture: 59.1 %

	Total N (mg/kg)	Total P (mg/kg)	Total K (mg/kg)	Total salt (mg/kg)	TFS (%)
Value	6,100.00	1,300.00	6,400.00		6.50
DL	100.00	100.00	100.00		0.01

Annual Report - General Order No. R5-2007-0035
Reporting period 01/01/2023 to 12/31/2023.

Field 185 - 11/25/2022: Wheat, silage, soft dough

Wheat Silage

Sample and source description: Wheat Silage
Sample date: 06/06/2023 Source of analysis: Lab analysis Method of reporting: As-is
Moisture: 54.9 %

	Total N (mg/kg)	Total P (mg/kg)	Total K (mg/kg)	Total salt (mg/kg)	TFS (%)
Value	8,800.00	1,600.00	15,900.00		10.80
DL	100.00	100.00	100.00		0.01

Field 185 - 06/22/2023: Corn, silage

Corn Silage

Sample and source description: Corn Silage
Sample date: 10/03/2023 Source of analysis: Lab analysis Method of reporting: As-is
Moisture: 79.3 %

	Total N (mg/kg)	Total P (mg/kg)	Total K (mg/kg)	Total salt (mg/kg)	TFS (%)
Value	3,200.00	800.00	5,000.00		11.50
DL	100.00	100.00	100.00		0.01

Field 186 - 11/25/2022: Wheat, silage, soft dough

Wheat Silage

Sample and source description: Wheat Silage
Sample date: 06/06/2023 Source of analysis: Lab analysis Method of reporting: As-is
Moisture: 55.3 %

	Total N (mg/kg)	Total P (mg/kg)	Total K (mg/kg)	Total salt (mg/kg)	TFS (%)
Value	9,100.00	1,600.00	16,300.00		12.00
DL	100.00	100.00	100.00		0.01

Field 186 - 06/22/2023: Corn, silage

Corn Silage

Sample and source description: Corn Silage

Sample date: 10/03/2023 Source of analysis: Lab analysis Method of reporting: As-is

Moisture: 78.7 %

	Total N (mg/kg)	Total P (mg/kg)	Total K (mg/kg)	Total salt (mg/kg)	TFS (%)
Value	3,200.00	700.00	5,900.00		11.40
DL	100.00	100.00	100.00		0.01

F. SUBSURFACE (TILE) DRAINAGE ANALYSES

No subsurface (tile) drainage analyses entered.

Annual Report - General Order No. R5-2007-0035
Reporting period 01/01/2023 to 12/31/2023.

NUTRIENT APPLICATIONS, POTENTIAL REMOVAL, AND BALANCE

A. SUMMARY OF NUTRIENT APPLICATIONS, POTENTIAL REMOVAL, AND BALANCE

	Total N (lbs)	Total P (lbs)	Total K (lbs)	Total salt (lbs)
Existing soil nutrient content	0.00	0.00	0.00	0.00
Plowdown credit	0.00	0.00	0.00	0.00
Commercial fertilizer / Other	6,554.24	861.84	313.12	0.00
Dry manure	0.00	0.00	0.00	0.00
Process wastewater	112,759.64	17,461.01	123,094.09	902,886.27
Fresh water	21,136.45	0.00	0.00	2,146,934.61
Atmospheric deposition	3,668.00	0.00	0.00	0.00
Total nutrients applied	144,118.33	18,322.85	123,407.21	3,049,820.88
Anticipated crop nutrient removal	148,711.20	30,732.60	177,950.40	0.00
Actual crop nutrient removal	112,476.13	21,769.41	173,569.21	709,576.31
Nutrient balance	31,642.20	-3,446.56	-50,162.00	2,340,244.57
Applied to removed ratio	1.28	0.84	0.71	4.30

B. POUNDS OF NUTRIENT APPLIED VS. CROP REMOVAL

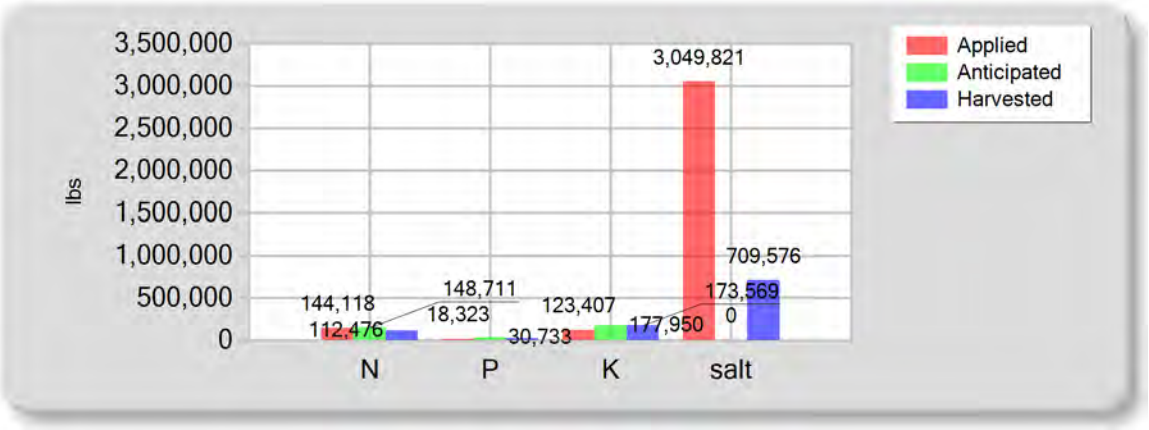

Annual Report - General Order No. R5-2007-0035
Reporting period 01/01/2023 to 12/31/2023.

C. POUNDS OF NUTRIENT APPLIED BY MATERIAL TYPE

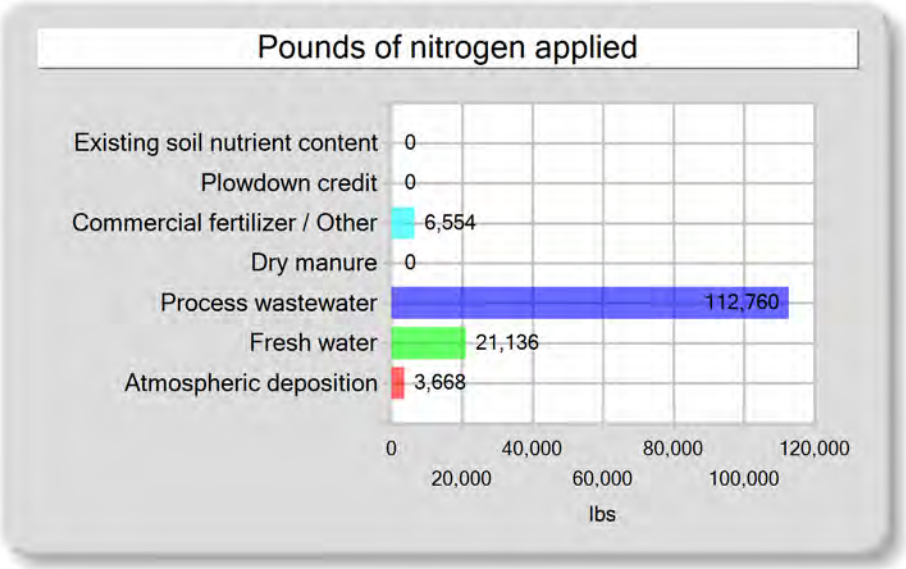

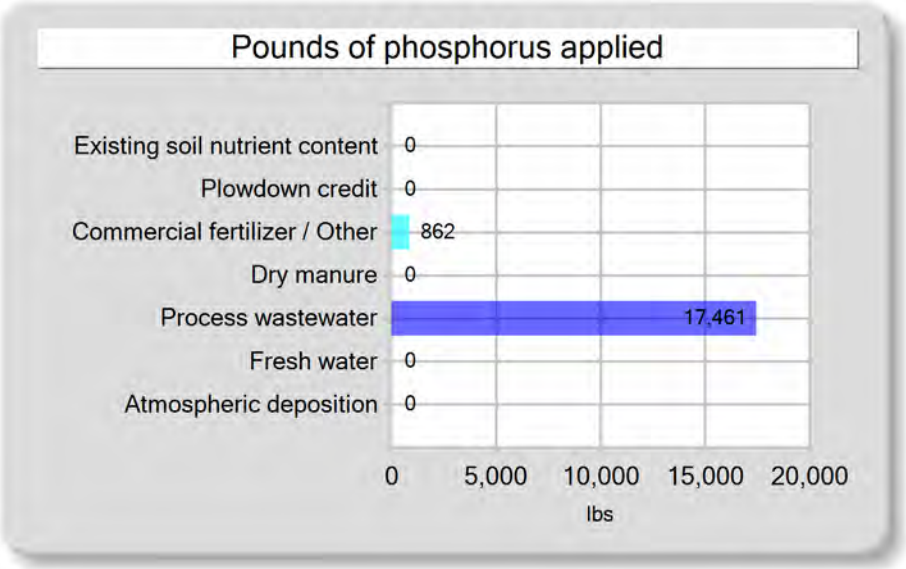

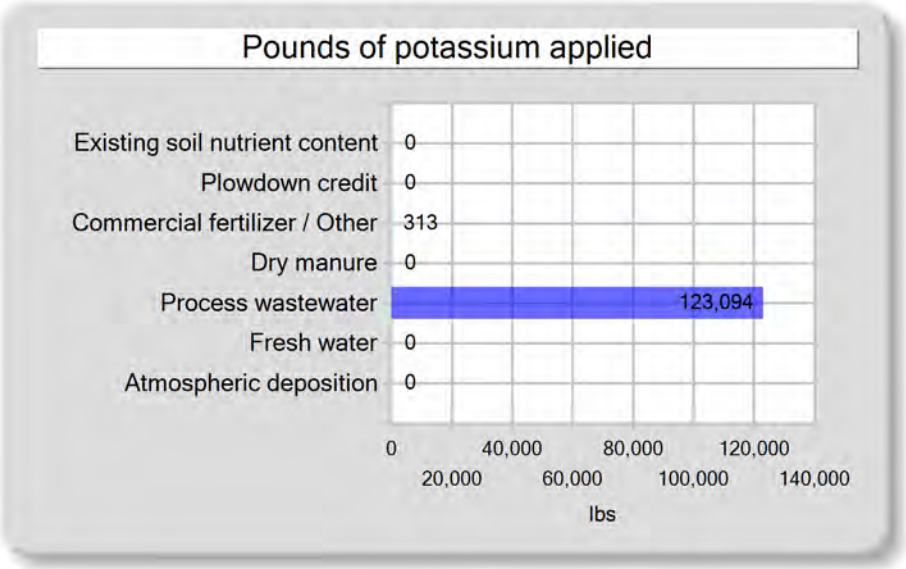

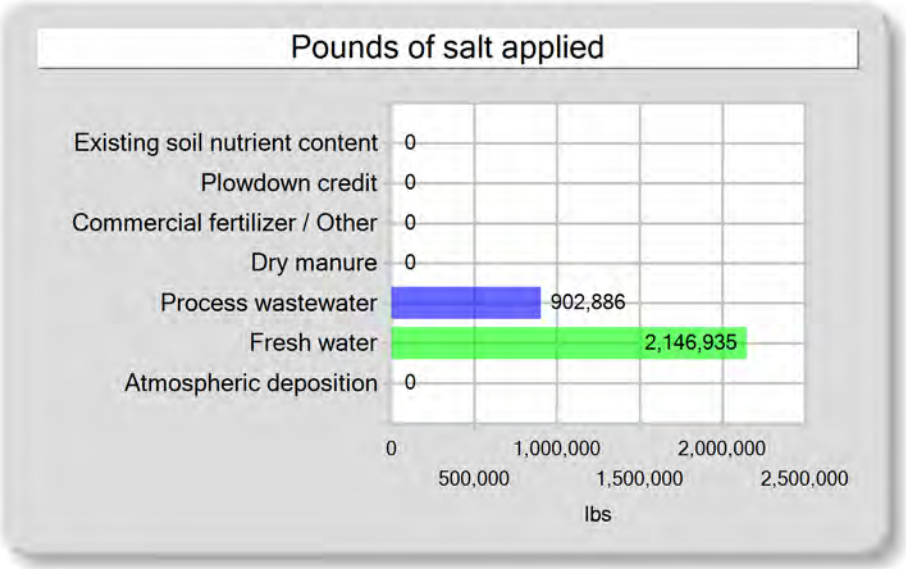

Annual Report - General Order No. R5-2007-0035
Reporting period 01/01/2023 to 12/31/2023.

EXCEPTION REPORTING

A. MANURE, PROCESS WASTEWATER, AND OTHER DAIRY WASTE DISCHARGES

The following is a summary of all manure and process wastewater discharges from the production area to surface water or to land areas (land application areas or otherwise) when not in accordance with the facility's Nutrient Management Plan.

No manure or process wastewater discharges occurred during the reporting period.

B. STORM WATER DISCHARGES

The following is a summary of all storm water discharges from the production area to surface water during the reporting period when not in accordance with the facility 's Nutrient Management Plan.

No stormwater discharges occurred during the reporting period.

C. LAND APPLICATION AREA TO SURFACE WATER DISCHARGES

The following is a summary of all discharges from the land application area to surface water that have occurred during the reporting period when not in accordance with the facility's Nutrient Management Plan.

No land application area to surface water discharges occurred during the reporting period.

NUTRIENT MANAGEMENT PLAN AND EXPORT AGREEMENT STATEMENTS

A. NUTRIENT MANAGEMENT PLAN STATEMENTS

Was the facility's NMP updated in the reporting period?	No
Was the facility's NMP developed by a certified nutrient management planner (specialist) as specified in Attachment C of the General Order?	Yes
Was the facility's NMP approved by a certified nutrient management planner (specialist) as specified in Attachment C of the General Order?	Yes

B. EXPORT AGREEMENT STATEMENT

Are there any written agreements with third parties to receive manure or process wastewater that are new or were revised within the reporting period?	No

Annual Report - General Order No. R5-2007-0035
Reporting period 01/01/2023 to 12/31/2023.

ADDITIONAL NOTES

A. NOTES

Precipitation utilized during winter months to meet forage freshwater requirements.

Irrigation wells DW 2 was non-operational in 2023. The well will be sampled once it becomes operational and used during the cropping season.

Field 185 Corn had a lower than anticipated removal rate due to lower than anticipated %N. The %N was based on analysis that was derived through a certified laboratory. This resulted in field ratios slightly exceeding target limits.

Fields 180 Wheat, 181 Wheat, 183 Wheat, & 186 Corn had lower than anticipated removal rates. This was due to lower than expected %N. The %N was based on analysis that was derived through a certified laboratory. However, the applications to these fields matched the low removal rates and was able to meet the field ratio threshold of 1.4.

Annual Report - General Order No. R5-2007-0035
Reporting period 01/01/2023 to 12/31/2023.

CERTIFICATION

A. OWNER AND/OR OPERATOR CERTIFICATION

I certify under penalty of law that I have personally examined and am familiar with the information submitted in this document and all attachments and that, based on my inquiry of those individuals immediately responsible for obtaining the information, I believe that the information is true, accurate, and complete. I am aware that there are significant penalties for submitting false information, including the possibility of fine and imprisonment.

DocuSigned by: F0EAF241AEAC449...	DocuSigned by: 9AF8192E90AC43B...
SIGNATURE OF OWNER OF FACILITY	SIGNATURE OF OPERATOR OF FACILITY
Guilherme Brasil	Edward DeJager
PRINT OR TYPE NAME	PRINT OR TYPE NAME
6/18/2024	6/16/2024
DATE	DATE

Annual Report - General Order No. R5-2007-0035
Reporting period 01/01/2023 to 12/31/2023.

ATTACHMENTS

A. REQUIRED ATTACHMENTS

The following lists the required documents that should be attached to the Annual Report when submitted .

Annual Dairy Facility Assessment
Provide an Annual Dairy Facility Assessment (an update to the Preliminary Dairy Facility Assessment in Attachment A) for each reporting period. On the PDFA Final page, click on the ADFA Report button to generate an ADFA report after updating information as needed .

Manure/Process Wastewater Tracking Manifests
Provide copies of all manure/process wastewater tracking manifests for the reporting period, signed by both the owner/operator and the hauler.

Corrective Actions Documents
Provide records documenting any corrective actions taken to correct deficiencies noted as a result of the inspections required in the Monitoring Requirements of the General Order. Deficiencies not corrected in 30 days must be accompanied by an explanation of the factors preventing immediate correction.

Groundwater Monitoring
Dischargers that monitor supply wells or subsurface (tile) drainage systems, or that have monitoring well systems must submit monitoring results as directed in the General Order, Groundwater Reporting Section starting on page MRP-13.

Storm Water Monitoring
Dischargers that are required to monitor storm water more frequently than required in the General Order must submit monitoring results as directed in the General Order, Storm Water Reporting Section on page MRP-14.

Manure / Process Wastewater Tracking Manifest
For
Existing Milk Cow Dairies

General Order No. R5-2007-0035, Attachment D

INSTRUCTIONS

1) Complete one manifest for each hauling event, for each destination. A hauling event may last for several days, as long as the manure is being hauled to the same destination.
2) If there are multiple destinations, complete a separate form for each destination.
3) The operator must obtain the signature of the hauler upon completion of each manure/process wastewater hauling event.
4) The operator shall submit copies of manure/process wastewater tracking manifest(s) with the Annual Monitoring Report for Existing Milk Cow Dairies.

OPERATOR INFORMATION

Name of Operator: Eddie De Jager

Name of Dairy Facility: Healy Ranch (Formally Guilherme Brasil Dairy)

Facility Address:

Number and Street	City	County	Zip Code
13701 S Hwy 59	El Nido	Merced	95317

Contact Person Name and Phone Number:

Name	Phone Number
Eddie De Jager	(209) 617-9978

MANURE HAULER INFORMATION

Name of Hauling Company/Person: Shut Eye Transco, LLC

Address of Hauling Company/Person:

Number and Street	City	State	Zip Code
24662 Road 9	Chowchilla	CA	93610

Contact Person:

Name	Phone Number
Johnny Troost	(559) 645-2284

DESTINATION INFORMATION

Composting Facility / Broker / Farmer / Other (identify): Farmer

Contact information of Composting Facility, Broker, Farmer, or Other (as identified above):

Name	Phone Number
Flying M Ranch	(209) 777-9084

Address	City	State	Zip Code
1234 McNamara RD	Chowchilla	CA	95341

Destination Address or Assessor's Parcel Number:

Address	City	Zip Code

Street and nearest cross street (if no address)	County

Assessor's Parcel Number	Assessor's Parcel Number County
X066-X150-X001-XXXX	Merced

Last date hauled: 10/29/2023

Manure / Process Wastewater Tracking Manifest
For
Existing Milk Cow Dairies

General Order No. R5-2007-0035, Attachment D

MANURE AMOUNT HAULED

Enter the amount of manure hauled in tons, manure solids content, and the method used to calculate the amount:

Manure: 900.00 tons

Manure Solids Content: 55.6 %

Method used to determine amount of manure:

Number of loads multiplied by load weight

CERTIFICATION

I declare under penalty of law that I personally examined and am familiar with the information submitted in this document, and that based on my inquiry of those individuals immediately responsible for obtaining the information, I believe that the information is true , accurate, and complete. I am aware that there are significant penalties for submitting false information, including the possibility of a fine and imprisonment for knowing violations.

DocuSigned by:
Edward DeJager
9AE8182E90AC43B...
Operator Signature — Date: 6/16/2024

DocuSigned by:
DA95F0BB44D8493...
Hauler Signature — Date: 6/16/2024

Manure / Process Wastewater Tracking Manifest
For
Existing Milk Cow Dairies

General Order No. R5-2007-0035, Attachment D

INSTRUCTIONS

1) Complete one manifest for each hauling event, for each destination. A hauling event may last for several days, as long as the manure is being hauled to the same destination.
2) If there are multiple destinations, complete a separate form for each destination.
3) The operator must obtain the signature of the hauler upon completion of each manure/process wastewater hauling event.
4) The operator shall submit copies of manure/process wastewater tracking manifest(s) with the Annual Monitoring Report for Existing Milk Cow Dairies.

OPERATOR INFORMATION

Name of Operator: Eddie De Jager

Name of Dairy Facility: Healy Ranch (Formally Guilherme Brasil Dairy)

Facility Address:

Number and Street	City	County	Zip Code
13701 S Hwy 59	El Nido	Merced	95317

Contact Person Name and Phone Number:

Name	Phone Number
Eddie De Jager	(209) 617-9978

MANURE HAULER INFORMATION

Name of Hauling Company/Person: Shut Eye Transco, LLC

Address of Hauling Company/Person:

Number and Street	City	State	Zip Code
24662 Road 9	Chowchilla	CA	93610

Contact Person:

Name	Phone Number
Johnny Troost	(559) 645-2284

DESTINATION INFORMATION

Composting Facility / Broker / Farmer / Other (identify): Farmer

Contact information of Composting Facility, Broker, Farmer, or Other (as identified above):

Name	Phone Number
Flying M Ranch	(209) 777-9084

Address	City	State	Zip Code
1234 McNamara RD	Chowchilla	CA	95341

Destination Address or Assessor's Parcel Number:

Address	City	Zip Code

Street and nearest cross street (if no address)	County

Assessor's Parcel Number	Assessor's Parcel Number County
X066-X150-X001-XXXX	Merced

Last date hauled: 11/25/2023

Manure / Process Wastewater Tracking Manifest
For
Existing Milk Cow Dairies

General Order No. R5-2007-0035, Attachment D

MANURE AMOUNT HAULED

Enter the amount of manure hauled in tons, manure solids content, and the method used to calculate the amount:

Manure: 1,500.00 tons

Manure Solids Content: 22.1 %

Method used to determine amount of manure:

Number of loads multiplied by load weight

CERTIFICATION

I declare under penalty of law that I personally examined and am familiar with the information submitted in this document, and that based on my inquiry of those individuals immediately responsible for obtaining the information, I believe that the information is true , accurate, and complete. I am aware that there are significant penalties for submitting false information, including the possibility of a fine and imprisonment for knowing violations.

DocuSigned by:
Edward DeJager
9AE8192E90AC43B...
Operator Signature

6/16/2024
Date

DocuSigned by:
9A95E0BB44D8493...
Hauler Signature

6/16/2024
Date

Manure / Process Wastewater Tracking Manifest
For
Existing Milk Cow Dairies

General Order No. R5-2007-0035, Attachment D

INSTRUCTIONS

1) Complete one manifest for each hauling event, for each destination. A hauling event may last for several days, as long as the manure is being hauled to the same destination.
2) If there are multiple destinations, complete a separate form for each destination.
3) The operator must obtain the signature of the hauler upon completion of each manure/process wastewater hauling event.
4) The operator shall submit copies of manure/process wastewater tracking manifest(s) with the Annual Monitoring Report for Existing Milk Cow Dairies.

OPERATOR INFORMATION

Name of Operator: Eddie De Jager

Name of Dairy Facility: Healy Ranch (Formally Guilherme Brasil Dairy)

Facility Address:

Number and Street	City	County	Zip Code
13701 S Hwy 59	El Nido	Merced	95317

Contact Person Name and Phone Number:

Name	Phone Number
Eddie De Jager	(209) 617-9978

MANURE HAULER INFORMATION

Name of Hauling Company/Person: Shut Eye Transco, LLC

Address of Hauling Company/Person:

Number and Street	City	State	Zip Code
24662 Road 9	Chowchilla	CA	93610

Contact Person:

Name	Phone Number
Johnny Troost	(559) 645-2284

DESTINATION INFORMATION

Composting Facility / Broker / Farmer / Other (identify): Farmer

Contact information of Composting Facility, Broker, Farmer, or Other (as identified above):

Name	Phone Number
Flying M Ranch	(209) 777-9084

Address	City	State	Zip Code
1234 McNamara RD	Chowchilla	CA	95341

Destination Address or Assessor's Parcel Number:

Address	City	Zip Code

Street and nearest cross street (if no address)	County

Assessor's Parcel Number	Assessor's Parcel Number County
X066-X150-X001-XXXX	Merced

Last date hauled: 12/17/2023

Manure / Process Wastewater Tracking Manifest
For
Existing Milk Cow Dairies

General Order No. R5-2007-0035, Attachment D

MANURE AMOUNT HAULED

Enter the amount of manure hauled in tons, manure solids content, and the method used to calculate the amount:

Manure: 750.00 tons

Manure Solids Content: 22.1 %

Method used to determine amount of manure:

Number of loads multiplied by load weight

CERTIFICATION

I declare under penalty of law that I personally examined and am familiar with the information submitted in this document, and that based on my inquiry of those individuals immediately responsible for obtaining the information, I believe that the information is true , accurate, and complete. I am aware that there are significant penalties for submitting false information, including the possibility of a fine and imprisonment for knowing violations.

DocuSigned by:
Edward DeJager
9AF8192E99AC43B...
6/16/2024

Operator Signature | Date

DocuSigned by:
9A95E0BB44D8493...
6/16/2024

Hauler Signature | Date

DocuSign Envelope ID: 9E85760B-4AEC-4B8D-84A5-41F253B923CE

DELLAVALLE™
LABORATORY INC

Healy Ranch
6924 Healy Road
Merced, CA 95341

Account# 00-0022205
Account Manager: Ben Nydam
Submitted By: FR
Ranch: HR

Received: 08/31/2023 15:45
Reported: 09/06/2023 10:23

Samples in this Report

Lab ID	Sample	Matrix	Sampled By	Crop	Date Sampled
23H2451-01	DW - 3	Canal Water	DJF		08/31/2023 0:00
23H2451-02	DW - 4	Canal Water	DJF		08/31/2023 0:00

Default Cooler Temperature on Receipt °C: -4.2

Containers Intact
COC/Labels Agree
Preservation Confirmed
Received On Ice

Notes and Definitions

Item	Definition
H	Hold Time Exceeded
MCL	Drinking Water Maximum Contaminant Level
ND	Analyte NOT DETECTED at or above the reporting limit.
NES	Not Enough Sample
*	Not Taken
RPD	Relative Percent Difference
%REC	Percent Recovery
Source	Sample that was matrix spiked or duplicated.

Scott McFriedland

Laboratory Director/Technical Manager

ELAP Certification #1595
A2LA Certification #6440.02

The results in this report apply to the samples as received and were analyzed in accordance with the chain of custody document. This analytical report must be reproduced in its entirety. All results listed in this report are for the exclusive use of the submitting party. Dellavalle Laboratory, Inc. assumes no responsibility for report alteration, separation, detachment or third party interpretation.

1910 W. McKinley Ave Suite 110 Fresno, CA 93728 559-233-6129 www.dellavallelab.com

DocuSign Envelope ID: 9E85760B-4AEC-4B8D-84A5-41F253B923CE

DELLAVALLE™ LABORATORY INC

Healy Ranch
6924 Healy Road
Merced, CA 95341

Account# 00-0022205
Account Manager: Ben Nydam
Submitted By: FR
Ranch: HR

Received: 08/31/2023 15:45
Reported: 09/06/2023 10:23

Sample Results

Sample: DW - 3
23H2451-01 (Water)

Sampled: 8/31/2023 0:00
Sampled By: DJF

Analyte	Result	Units	Reporting Limit	DIL	DW MCL	Date/Time Analyzed	Method	Notes	Batch
Electrical Conductivity	**1.27**	mmhos/cm	0.01	1		09/01/23 10:15	SM 2510 B		BEH1492
Electrical Conductivity umhos	**1270**	umhos/cm	10.0	1		09/01/23 10:15	SM 2510 B		BEH1492
Nitrate Nitrogen as NO3N	**21.4**	mg/L	0.1	1	10	08/31/23 23:35	EPA 300.0		BEH1476
pH	**7.8**	units	1.0	1		09/01/23 10:15	SM 4500-H+	H	BEH1492
Total Filterable Solids (TDS)	**790**	mg/L	10.0	1		09/05/23 15:09	SM 2540 C		BEI0008
Temperature	**25.0**	°C	0.0	1		09/01/23 10:15	SM 2510 B		BEH1492
Kjeldahl Nitrogen (TKN), Total	ND	mg/L	1.00	1		09/05/23 13:58	SM 4500-NH3 C		BEH1472
Total Nitrogen	**21.6**	mg/L	1.00	1		09/05/23 13:58	SM 4500-NH3 C		BEH1472

The results in this report apply to the samples as received and were analyzed in accordance with the chain of custody document. This analytical report must be reproduced in its entirety. All results listed in this report are for the exclusive use of the submitting party. Dellavalle Laboratory, Inc. assumes no responsibility for report alteration, separation, detachment or third party interpretation.

DocuSign Envelope ID: 9E85760B-4AEC-4B8D-84A5-41F253B923CE

DELLAVALLE™ LABORATORY INC

Healy Ranch
6924 Healy Road
Merced, CA 95341

Account# 00-0022205
Account Manager: Ben Nydam
Submitted By: FR
Ranch: HR

Received: 08/31/2023 15:45
Reported: 09/06/2023 10:23

Sample Results
(Continued)

Sample: DW - 4
23H2451-02 (Water)

Sampled: 8/31/2023 0:00
Sampled By: DJF

Analyte	Result	Units	Reporting Limit	DIL	DW MCL	Date/Time Analyzed	Method	Notes	Batch
Electrical Conductivity	**0.73**	mmhos/cm	0.01	1		09/01/23 09:45	SM 2510 B		BEH1489
Electrical Conductivity umhos	**731**	umhos/cm	10.0	1		09/01/23 09:45	SM 2510 B		BEH1489
Nitrate Nitrogen as NO3N	**10.3**	mg/L	0.1	1	10	08/31/23 23:55	EPA 300.0		BEH1476
pH	**7.5**	units	1.0	1		09/01/23 09:45	SM 4500-H+	H	BEH1489
Total Filterable Solids (TDS)	**415**	mg/L	10.0	1		09/05/23 15:09	SM 2540 C		BEI0008
Temperature	**25.0**	°C	0.0	1		09/01/23 09:45	SM 2510 B		BEH1489
Kjeldahl Nitrogen (TKN), Total	ND	mg/L	1.00	1		09/05/23 13:59	SM 4500-NH3 C		BEH1472
Total Nitrogen	**10.4**	mg/L	1.00	1		09/05/23 13:59	SM 4500-NH3 C		BEH1472

The results in this report apply to the samples as received and were analyzed in accordance with the chain of custody document. This analytical report must be reproduced in its entirety. All results listed in this report are for the exclusive use of the submitting party. Dellavalle Laboratory, Inc. assumes no responsibility for report alteration, separation, detachment or third party interpretation.

DELLAVALLE™ LABORATORY INC

Healy Ranch
6924 Healy Road
Merced, CA 95341

Account# 00-0022205
Account Manager: Ben Nydam
Submitted By: FR
Ranch: HR

Received: 08/31/2023 15:45
Reported: 09/06/2023 10:23

Quality Control

Analyte	Result	Qual	Reporting Limit	Units	Spike Level	Source Result	%REC	%REC Limits	RPD	RPD Limit
Batch: BEH1472										
Blank (BEH1472-BLK1)					Prepared: 9/1/2023	Analyzed: 9/5/2023				
Kjeldahl Nitrogen (TKN), Total	ND		1.00	mg/L						
Total Nitrogen	ND		1.00	mg/L						
Blank (BEH1472-BLK2)					Prepared: 9/1/2023	Analyzed: 9/5/2023				
Kjeldahl Nitrogen (TKN), Total	ND		1.00	mg/L						
Total Nitrogen	ND		1.00	mg/L						
LCS (BEH1472-BS1)					Prepared: 9/1/2023	Analyzed: 9/5/2023				
Kjeldahl Nitrogen (TKN), Total	5.88		1.00	mg/L	5.709		103	90-110		
LCS (BEH1472-BS2)					Prepared: 9/1/2023	Analyzed: 9/5/2023				
Kjeldahl Nitrogen (TKN), Total	5.79		1.00	mg/L	5.709		101	90-110		
Duplicate (BEH1472-DUP1)		**Source: 23H2409-02**			Prepared: 9/1/2023	Analyzed: 9/5/2023				
Kjeldahl Nitrogen (TKN), Total	ND		1.40	mg/L		ND				10
Duplicate (BEH1472-DUP2)		**Source: 23H2455-01**			Prepared: 9/1/2023	Analyzed: 9/5/2023				
Kjeldahl Nitrogen (TKN), Total	ND		1.40	mg/L		ND				10
Matrix Spike (BEH1472-MS1)		**Source: 23H2409-02**			Prepared: 9/1/2023	Analyzed: 9/5/2023				
Kjeldahl Nitrogen (TKN), Total	8.70		1.40	mg/L	7.992	ND	109	90-110		
Matrix Spike (BEH1472-MS2)		**Source: 23H2455-01**			Prepared: 9/1/2023	Analyzed: 9/5/2023				
Kjeldahl Nitrogen (TKN), Total	8.10		1.40	mg/L	7.992	ND	101	90-110		
Reference (BEH1472-SRM1)					Prepared: 9/1/2023	Analyzed: 9/5/2023				
Kjeldahl Nitrogen (TKN), Total	23.7			mg/L	23.80		99.7	90-110		

The results in this report apply to the samples as received and were analyzed in accordance with the chain of custody document. This analytical report must be reproduced in its entirety. All results listed in this report are for the exclusive use of the submitting party. Dellavalle Laboratory, Inc. assumes no responsibility for report alteration, separation, detachment or third party interpretation.

DELLAVALLE™ LABORATORY INC

Healy Ranch
6924 Healy Road
Merced, CA 95341

Account# 00-0022205
Account Manager: Ben Nydam
Submitted By: FR
Ranch: HR

Received: 08/31/2023 15:45
Reported: 09/06/2023 10:23

Quality Control
(Continued)

Analyte	Result	Qual	Reporting Limit	Units	Spike Level	Source Result	%REC	%REC Limits	RPD	RPD Limit
Batch: BEH1476										
Blank (BEH1476-BLK1)					Prepared & Analyzed: 8/31/2023					
Nitrate Nitrogen as NO3N	ND		0.1	mg/L						
Blank (BEH1476-BLK2)					Prepared & Analyzed: 8/31/2023					
Nitrate Nitrogen as NO3N	ND		0.1	mg/L						
Blank (BEH1476-BLK3)					Prepared & Analyzed: 9/1/2023					
Nitrate Nitrogen as NO3N	ND		0.1	mg/L						
LCS (BEH1476-BS1)					Prepared & Analyzed: 8/31/2023					
Nitrate Nitrogen as NO3N	5.1		0.1	mg/L	5.000		103	90-110		
LCS (BEH1476-BS2)					Prepared & Analyzed: 9/1/2023					
Nitrate Nitrogen as NO3N	5.1		0.1	mg/L	5.000		102	90-110		
Duplicate (BEH1476-DUP1)		**Source: 23H2410-01**			Prepared & Analyzed: 8/31/2023					
Nitrate Nitrogen as NO3N	3.6		0.1	mg/L		3.6			1.74	10
Duplicate (BEH1476-DUP2)		**Source: 23H2452-01**			Prepared & Analyzed: 9/1/2023					
Nitrate Nitrogen as NO3N	0.04		0.1	mg/L		0.04			0.00	10
Matrix Spike (BEH1476-MS1)		**Source: 23H2410-01**			Prepared & Analyzed: 8/31/2023					
Nitrate Nitrogen as NO3N	8.7		0.1	mg/L	5.000	3.6	102	90-110		
Matrix Spike (BEH1476-MS2)		**Source: 23H2452-01**			Prepared & Analyzed: 9/1/2023					
Nitrate Nitrogen as NO3N	5.2		0.1	mg/L	5.000	0.04	103	90-110		
Reference (BEH1476-SRM1)					Prepared & Analyzed: 8/31/2023					
Nitrate Nitrogen as NO3N	10.1			mg/L	10.00		101	90-110		
Reference (BEH1476-SRM2)					Prepared & Analyzed: 8/31/2023					
Nitrate Nitrogen as NO3N	10.2			mg/L	10.00		102	90-110		
Reference (BEH1476-SRM3)					Prepared & Analyzed: 9/1/2023					
Nitrate Nitrogen as NO3N	10.2			mg/L	10.00		102	90-110		

The results in this report apply to the samples as received and were analyzed in accordance with the chain of custody document. This analytical report must be reproduced in its entirety. All results listed in this report are for the exclusive use of the submitting party. Dellavalle Laboratory, Inc. assumes no responsibility for report alteration, separation, detachment or third party interpretation.

DELLAVALLE™ LABORATORY INC

Healy Ranch
6924 Healy Road
Merced, CA 95341

Account# 00-0022205
Account Manager: Ben Nydam
Submitted By: FR
Ranch: HR

Received: 08/31/2023 15:45
Reported: 09/06/2023 10:23

Quality Control
(Continued)

Analyte	Result	Qual	Reporting Limit	Units	Spike Level	Source Result	%REC	%REC Limits	RPD	RPD Limit
Batch: BEH1489										
Blank (BEH1489-BLK1)					Prepared: 8/31/2023 Analyzed: 9/1/2023					
pH	6.7		1.0	units						
Electrical Conductivity	ND		0.01	mmhos/cm						
Electrical Conductivity umhos	ND		10.0	umhos/cm						
Temperature	25.0		0.0	°C						
Blank (BEH1489-BLK2)					Prepared: 8/31/2023 Analyzed: 9/1/2023					
Electrical Conductivity	ND		0.01	mmhos/cm						
pH	6.6		1.0	units						
Temperature	25.0		0.0	°C						
Electrical Conductivity umhos	ND		10.0	umhos/cm						
Blank (BEH1489-BLK3)					Prepared: 8/31/2023 Analyzed: 9/1/2023					
pH	6.6		1.0	units						
Electrical Conductivity	ND		0.01	mmhos/cm						
Electrical Conductivity umhos	ND		10.0	umhos/cm						
Temperature	25.0		0.0	°C						
Duplicate (BEH1489-DUP1)		**Source: 23H2451-02**			Prepared: 8/31/2023 Analyzed: 9/1/2023					
Electrical Conductivity	0.71		0.01	mmhos/cm		0.73			3.41	10
pH	7.6		1.0	units		7.5			1.33	10
Electrical Conductivity umhos	707		10.0	umhos/cm		731			3.41	10
Duplicate (BEH1489-DUP2)		**Source: 23H2461-10**			Prepared: 8/31/2023 Analyzed: 9/1/2023					
Electrical Conductivity	1.62		0.01	mmhos/cm		1.62			0.364	10
pH	7.6		1.0	units		7.5			1.06	10
Electrical Conductivity umhos	1620		10.0	umhos/cm		1620			0.364	10
Reference (BEH1489-SRM1)					Prepared: 8/31/2023 Analyzed: 9/1/2023					
Electrical Conductivity	527			umhos/cm	538.0		98.0	90-110		
Reference (BEH1489-SRM2)					Prepared: 8/31/2023 Analyzed: 9/1/2023					
pH	5.8			units	5.820		101	28178-101.7		
Reference (BEH1489-SRM3)					Prepared: 8/31/2023 Analyzed: 9/1/2023					
Electrical Conductivity	991			umhos/cm	1000		99.1	90-110		
Electrical Conductivity umhos	991			umhos/cm	1000		99.1	90-110		
Reference (BEH1489-SRM4)					Prepared: 8/31/2023 Analyzed: 9/1/2023					
Electrical Conductivity	991			umhos/cm	1000		99.1	90-110		
Electrical Conductivity umhos	991			umhos/cm	1000		99.1	90-110		
Reference (BEH1489-SRM5)					Prepared: 8/31/2023 Analyzed: 9/1/2023					
Electrical Conductivity	1010			umhos/cm	1000		101	90-110		

The results in this report apply to the samples as received and were analyzed in accordance with the chain of custody document. This analytical report must be reproduced in its entirety. All results listed in this report are for the exclusive use of the submitting party. Dellavalle Laboratory, Inc. assumes no responsibility for report alteration, separation, detachment or third party interpretation.

DELLAVALLE™ LABORATORY INC

Healy Ranch
6924 Healy Road
Merced, CA 95341

Account# 00-0022205
Account Manager: Ben Nydam
Submitted By: FR
Ranch: HR

Received: 08/31/2023 15:45
Reported: 09/06/2023 10:23

Quality Control
(Continued)

Analyte	Result	Qual	Reporting Limit	Units	Spike Level	Source Result	%REC	%REC Limits	RPD	RPD Limit
Batch: BEH1489 (Continued)										
Reference (BEH1489-SRM5)					Prepared: 8/31/2023	Analyzed: 9/1/2023				
Electrical Conductivity umhos	1010			umhos/cm	1000		101	90-110		
Reference (BEH1489-SRM6)					Prepared: 8/31/2023	Analyzed: 9/1/2023				
pH	4.0			units	4.000		100	97.5-102.5		
Reference (BEH1489-SRM7)					Prepared: 8/31/2023	Analyzed: 9/1/2023				
pH	4.0			units	4.000		100	97.5-102.5		
Reference (BEH1489-SRM8)					Prepared: 8/31/2023	Analyzed: 9/1/2023				
pH	4.0			units	4.000		100	97.5-102.5		

The results in this report apply to the samples as received and were analyzed in accordance with the chain of custody document. This analytical report must be reproduced in its entirety. All results listed in this report are for the exclusive use of the submitting party. Dellavalle Laboratory, Inc. assumes no responsibility for report alteration, separation, detachment or third party interpretation.

DELLAVALLE™ LABORATORY INC

Healy Ranch
6924 Healy Road
Merced, CA 95341

Account# 00-0022205
Account Manager: Ben Nydam
Submitted By: FR
Ranch: HR

Received: 08/31/2023 15:45
Reported: 09/06/2023 10:23

Quality Control
(Continued)

Analyte	Result	Qual	Reporting Limit	Units	Spike Level	Source Result	%REC	%REC Limits	RPD	RPD Limit
Batch: BEH1492										
Blank (BEH1492-BLK1)					Prepared: 8/31/2023 Analyzed: 9/1/2023					
pH	6.5		1.0	units						
Electrical Conductivity	ND		0.01	mmhos/cm						
Electrical Conductivity umhos	ND		10.0	umhos/cm						
Temperature	25.0		0.0	°C						
Blank (BEH1492-BLK2)					Prepared: 8/31/2023 Analyzed: 9/1/2023					
Electrical Conductivity	ND		0.01	mmhos/cm						
pH	7.2		1.0	units						
Electrical Conductivity umhos	ND		10.0	umhos/cm						
Temperature	25.0		0.0	°C						
Blank (BEH1492-BLK3)					Prepared: 8/31/2023 Analyzed: 9/1/2023					
pH	6.9		1.0	units						
Electrical Conductivity	ND		0.01	mmhos/cm						
Temperature	25.0		0.0	°C						
Electrical Conductivity umhos	ND		10.0	umhos/cm						
Duplicate (BEH1492-DUP1)		**Source: 23H2410-01**			Prepared: 8/31/2023 Analyzed: 9/1/2023					
Electrical Conductivity	0.90		0.01	mmhos/cm		0.91			1.89	10
pH	8.1		1.0	units		8.0			0.248	10
Electrical Conductivity umhos	896		10.0	umhos/cm		913			1.89	10
Duplicate (BEH1492-DUP2)		**Source: 23H2452-01**			Prepared: 8/31/2023 Analyzed: 9/1/2023					
pH	8.0		1.0	units		8.0			0.250	10
Electrical Conductivity	0.24		0.01	mmhos/cm		0.25			2.08	10
Electrical Conductivity umhos	243		10.0	umhos/cm		248			2.08	10
Reference (BEH1492-SRM1)					Prepared: 8/31/2023 Analyzed: 9/1/2023					
Electrical Conductivity	567			umhos/cm	538.0		105	90-110		
Reference (BEH1492-SRM2)					Prepared: 8/31/2023 Analyzed: 9/1/2023					
pH	5.9			units	5.820		101	28178-101.71		
Reference (BEH1492-SRM3)					Prepared: 8/31/2023 Analyzed: 9/1/2023					
Electrical Conductivity	1060			umhos/cm	1000		106	90-110		
Electrical Conductivity umhos	1060			umhos/cm	1000		106	90-110		
Reference (BEH1492-SRM4)					Prepared: 8/31/2023 Analyzed: 9/1/2023					
Electrical Conductivity	1080			umhos/cm	1000		108	90-110		
Electrical Conductivity umhos	1080			umhos/cm	1000		108	90-110		
Reference (BEH1492-SRM5)					Prepared: 8/31/2023 Analyzed: 9/1/2023					
Electrical Conductivity	1070			umhos/cm	1000		107	90-110		

The results in this report apply to the samples as received and were analyzed in accordance with the chain of custody document. This analytical report must be reproduced in its entirety. All results listed in this report are for the exclusive use of the submitting party. Dellavalle Laboratory, Inc. assumes no responsibility for report alteration, separation, detachment or third party interpretation.

DELLAVALLE™ LABORATORY INC

Healy Ranch
6924 Healy Road
Merced, CA 95341

Account# 00-0022205
Account Manager: Ben Nydam
Submitted By: FR
Ranch: HR

Received: 08/31/2023 15:45
Reported: 09/06/2023 10:23

Quality Control
(Continued)

Analyte	Result	Qual	Reporting Limit	Units	Spike Level	Source Result	%REC	%REC Limits	RPD	RPD Limit
Batch: BEH1492 (Continued)										
Reference (BEH1492-SRM5)					Prepared: 8/31/2023	Analyzed: 9/1/2023				
Electrical Conductivity umhos	1070			umhos/cm	1000		107	90-110		
Reference (BEH1492-SRM6)					Prepared: 8/31/2023	Analyzed: 9/1/2023				
pH	4.0			units	4.000		100	97.5-102.5		
Reference (BEH1492-SRM7)					Prepared: 8/31/2023	Analyzed: 9/1/2023				
pH	4.0			units	4.000		100	97.5-102.5		
Reference (BEH1492-SRM8)					Prepared: 8/31/2023	Analyzed: 9/1/2023				
pH	4.0			units	4.000		101	97.5-102.5		

The results in this report apply to the samples as received and were analyzed in accordance with the chain of custody document. This analytical report must be reproduced in its entirety. All results listed in this report are for the exclusive use of the submitting party. Dellavalle Laboratory, Inc. assumes no responsibility for report alteration, separation, detachment or third party interpretation.

DELLAVALLE™ LABORATORY INC

Healy Ranch
6924 Healy Road
Merced, CA 95341

Account# 00-0022205
Account Manager: Ben Nydam
Submitted By: FR
Ranch: HR

Received: 08/31/2023 15:45
Reported: 09/06/2023 10:23

Quality Control
(Continued)

Analyte	Result	Qual	Reporting Limit	Units	Spike Level	Source Result	%REC	%REC Limits	RPD	RPD Limit
Batch: BEI0008										
Blank (BEI0008-BLK1)					Prepared: 9/1/2023	Analyzed: 9/5/2023				
Total Filterable Solids (TDS)	ND		10.0	mg/L						
LCS (BEI0008-BS1)					Prepared: 9/1/2023	Analyzed: 9/5/2023				
Total Filterable Solids (TDS)	37.5		10.0	mg/L	2000		1.88	0-200		
Duplicate (BEI0008-DUP1)			**Source: 23H2416-01**		Prepared: 9/1/2023	Analyzed: 9/5/2023				
Total Filterable Solids (TDS)	3600		10.0	mg/L		3720			3.19	10
Duplicate (BEI0008-DUP2)			**Source: 23H2455-02**		Prepared: 9/1/2023	Analyzed: 9/5/2023				
Total Filterable Solids (TDS)	710		10.0	mg/L		700			1.42	10
Reference (BEI0008-SRM1)					Prepared: 9/1/2023	Analyzed: 9/5/2023				
Total Filterable Solids (TDS)	320			mg/L	325.0		98.5	90-110		

The results in this report apply to the samples as received and were analyzed in accordance with the chain of custody document. This analytical report must be reproduced in its entirety. All results listed in this report are for the exclusive use of the submitting party. Dellavalle Laboratory, Inc. assumes no responsibility for report alteration, separation, detachment or third party interpretation.

DocuSign Envelope ID: 9E85760B-4AEC-4B8D-84A5-41F253B923CE

08/31/23 15:45 23H2451

DELLAVALLE LABORATORY, INC.

1910 W. McKinley Avenue, Suite 110 • Fresno, CA 93728
www.dellavallelab.com 559 233-6129 · 800 228-9896 · Fax 559 268-8174

No. Samples: 2 Material: Water

Purchase Order No | Bill To: 22205 | Acct # 8 | Cons # 56

Name: Healy Ranch
Address: 3157 E. Sandy Mush Rd.
City: Merced **State:** CA **Zip:** 95340
Telephone: **Fax:**
Cell/Email: dejagerfarms@gmail.com
COPY TO: dustin@dejagerfarms.com
krhodes@fragservices.com ariordan@fragservices.com
REQUESTED BY: FR
RANCH: HR
ID CROP:
Present Stage of Growth
Intended Previous
Date Sampled: 8/31 **Sampled By:** DJF

Analysis Required:

( ) Manure: DM1 (N,P,K, Moisture)
( ) Manure: DM2 (DM1 Plus Ash, Ca, Mg, Na, S,
( ) Soil Spring: DS1 (NO_3-N (0'-1')
( ) Soil Fall: DS2 (FA1 (0-1'): NO_3-N (1-2"))
( ) Harvest Tissue: CRA1 (N, P, K, Moisture, Ash)
( ) Feed: ADF/NDF
( ) Petiole/Midrib: P1
( ) Leaf: L1
(X) Other: DCW1 + TN

[X] QA/QC Document [X] Copy of Chain [ ] Comments/Recommendations

DESCRIPTION OF SAMPLE

1 DW-3 -4.2
2 DW-4 -3.4
3
4
5
6
7
8
9
10
11
12
13
14
15
16
17
18
19
20
21
22
23
24

IR Thermometer SN: 200560723
Correction Factor: 0°C
Calibration Due: 9/26/2023
Location: Laboratory

CHAIN OF CUSTODY

Carrier	Signature	Company	Received (Date/Time)	Relinquished (Date/Time)
First	JLF	DLV	8-31-23 12:20	8-31-23 3:42
Second				
Third				
Fourth	[illegible]	DLI	8/31 15:45	

I guarantee that as the client, or on behalf of client named, I have the authority to contract the above requested services. Should it be found that I do not have such authority, I agree to be personally liable for all costs and, if there should be action against me for this breach, reasonable attorneys' fees. It is understood that payment is expected to be cash with samples unless terms have been previously arranged. Terms are net 30 days; overdue accounts will be charged a liquidated damage fee of 2% per month (annually 24%) or $5.00 per month whichever is greater.

If payment is not made when due and a legitimate dispute exists concerning the product or services of Dellavalle Laboratory, Inc., it will be submitted to mediation under the Rules and Procedures of Creative Alternative to Litigation, Inc. (*cal*). If the dispute is not resolved in mediation, then the dispute will be submitted to binding arbitration through *cal* under its Rules and Procedures. The parties will equally bear the costs of mediation/arbitration. If, however, the mediator declares that no legitimate dispute exists, then debtor will pay all mediation and arbitration costs, and in the event of arbitration, reasonable attorneys' fees of Dellavalle Laboratory.

Invoicing Information: ***Shipping***
Sampling hrs _____ $ _____ In
Miles _____ $ _____ Out
Consulting

Amt Paid	Rec By	Check #	Date

Signature

Sample received in cooler with ice (coolant)
[ ] Yes [ ] No

X:\1-CLIENT CUSTOM FIELDSHEETS\FIELDSHEETS\Dairy Fieldsheets\[Vista Verde Dairy (A&R).xls]Soil & Tissue

DocuSign Envelope ID: 9E85760B-4AEC-4B8D-84A5-41F253B923CE

08/31/23 15:45 23H2451

Shipping Information: Shipped In ☐ Picked-Up ☒ Walk In ☐ DLI Sampler ☐ Other ☐ _____

☐ Samples refridgerated before pick up | ☐ Picked up samples placed in Ice chest

Container: Ice Chest ☒ Box ☐ None ☐ | **Refrigerant:** Wet Ice ☐ ☒ Blue Ice ☐ None ☐

Samples Preserved with HNO_3 or H_2SO_4 were: ☐ Received Preserved ☒ Preserved Upon Receipt at Laboratory

	Type of Container(s) Received	Sample Number 1	2	3	4	5	6	7	8	9	10
	Sample Containers for Internal (DLI) Use *(Containers that go into the Lab)*										
Plastics	100 mL sterile plastic $Na_2S_2O_3$ (Green)										
Plastics	250 mL unpreserved (White) Plastic										
Plastics	250 mL HNO_3 (Red) Plastic										
Plastics	* pH Value										
Plastics	250 mL H_2SO_4 (Yellow) Plastic	1	1								
Plastics	* pH Value	<2	<2								
Plastics	500 mL unpreserved (White) Plastic										
Plastics	1 L unpreserved (White) Plastic	1	1								
Plastics	1 L unpreserved (BOD) (Purple) Plastic										
Special	500mL unpreserved (White) Glass										
Special	PO4-P Kit										
Special	**Other:**										
	Sample Containers for Subcontracted ("Send Out") Analyses *(Containers that go in the Subcontract ("Send Out") Refrigerator)*										
Plastics	100 mL sterile plastic $Na_2S_2O_3$ (Green)										
Plastics	250 mL unpreserved (White) Plastic										
Plastics	250 mL HNO_3 (Red) Plastic										
Plastics	250 mL H_2SO_4 (Yellow) Plastic										
Plastics	500 mL HNO_3 (Red)										
Plastics	1 L unpreserved (White) Plastic										
Plastics	1 L unpreserved (BOD) (Purple) Plastic										
Plastics	1 L HNO_3 (Red)										
VOA Vials	40 mL VOA, $Na_2S_2O_3$ + MCAA (EPA531)										
VOA Vials	40 mL VOA, $Na_2S_2O_3$ (EPA547)										
VOA Vials	40mL AG VOA unpreserved (White) (Set of 3)										
VOA Vials	40 mL AG VOA, $Na_2S_2O_3$ (Green) (Set of 3)										
VOA Vials	40mL VOA, H_3PO_4 (Set of 3)										
VOA Vials	40 mL VOA, HCl (Blue) (Set of 3)										
VOA Vials	40 mL VOA, $Na_2S_2O_3$ (Green) (Set of 3)										
Glass	250 mL AG unpreserved (White)										
Glass	250 mL AG H_2SO_4 (Yellow)										
Glass	250 mL AG $Na_2S_2O_3$ (Green)										
Glass	250 mL AG $Na_2S_2O_3$ + MCAA										
Glass	500 mL glass unpreserved (White)										
Glass	500 mL AG HCl (Blue)										
Glass	1 L AG unpreserved (White)										
Glass	1 L AG H_2SO_4 (Yellow)										
Glass	1 L AG $Na_2S_2O_3$ (Green)										
Glass	1 L AG HCl (Blue)										
Special	Cr^{6+} - 50mL Plastic w/Borate/HCO_3/CO_3										
Special	Cyanide - 500 mL NaOH										
Special	Asbestos - 1L P wrapped in foil (Set of 2)										
Special	Sulfide - 1 L **AG** or **P** NaOH + ZnAc										
Special	Chlorite/Bromate - 250 mL AG with EDA										
Special	HAA5 - 250mL AG Ammonium Chlorite										
Special	DO KIT										
Special	**Other:**										
Special	**Other:**										

pH Strips
Lot: 10BDH4501 Exp: Jan 2025

SENDOUT

DocuSign Envelope ID: 9E85760B-4AEC-4B8D-84A5-41F253B923CE

DELLAVALLE™
LABORATORY INC

Healy Ranch
6924 Healy Road
Merced, CA 95341

Account# 00-0022205
Account Manager: Ben Nydam
Submitted By: FR
Ranch: HR

Received: 11/21/2023 16:09
Reported: 11/29/2023 12:14

Samples in this Report

Lab ID	Sample	Matrix	Sampled By	Crop	Date Sampled
23K1126-01	DW-1	Canal Water	DJF		11/21/2023 0:00
23K1126-02	DW-5	Canal Water	DJF		11/21/2023 0:00

Default Cooler Temperature on Receipt °C: -0.1
Containers Intact
COC/Labels Agree
Received On Ice

Notes and Definitions

Item	Definition
H	Hold Time Exceeded
MCL	Drinking Water Maximum Contaminant Level
ND	Analyte NOT DETECTED at or above the reporting limit.
NES	Not Enough Sample
*	Not Taken
RPD	Relative Percent Difference
%REC	Percent Recovery
Source	Sample that was matrix spiked or duplicated.

Scott McFriedland

Laboratory Director/Technical Manager

ELAP Certification #1595
A2LA Certification #6440.02

The results in this report apply to the samples as received and were analyzed in accordance with the chain of custody document. This analytical report must be reproduced in its entirety. All results listed in this report are for the exclusive use of the submitting party. Dellavalle Laboratory, Inc. assumes no responsibility for report alteration, separation, detachment or third party interpretation.

1910 W. McKinley Ave Suite 110 Fresno, CA 93728 559-233-6129 www.dellavallelab.com

DocuSign Envelope ID: 9E85760B-4AEC-4B8D-84A5-41F253B923CE

DELLAVALLE™ LABORATORY INC

Healy Ranch
6924 Healy Road
Merced, CA 95341

Account# 00-0022205
Account Manager: Ben Nydam
Submitted By: FR
Ranch: HR

Received: 11/21/2023 16:09
Reported: 11/29/2023 12:14

Sample Results

Sample: DW-1
23K1126-01 (Water)

Sampled: 11/21/2023 0:00
Sampled By: DJF

Analyte	Result	Units	Reporting Limit	DIL	DW MCL	Date/Time Analyzed	Method	Notes	Batch
Electrical Conductivity	**1.58**	mmhos/cm	0.01	1		11/28/23 15:35	SM 2510 B		BEK0749
Electrical Conductivity umhos	**1580**	umhos/cm	10.0	1		11/28/23 15:35	SM 2510 B		BEK0749
Nitrate Nitrogen as NO3N	**3.5**	mg/L	0.1	1	10	11/22/23 02:32	EPA 300.0		BEK0691
Temperature	**25.0**	units	0.0	1		11/28/23 15:35	SM 4500-H+	H	BEK0749
pH	**8.0**	units	1.0	1		11/28/23 15:35	SM 4500-H+	H	BEK0749
Total Filterable Solids (TDS)	**880**	mg/L	10.0	1		11/27/23 14:47	SM 2540 C		BEK0738
Kjeldahl Nitrogen (TKN), Total	ND	mg/L	1.00	1		11/27/23 08:55	SM 4500-NH3 C		BEK0724
Total Nitrogen	**3.46**	mg/L	1.00	1		11/27/23 08:55	SM 4500-NH3 C		BEK0724

The results in this report apply to the samples as received and were analyzed in accordance with the chain of custody document. This analytical report must be reproduced in its entirety. All results listed in this report are for the exclusive use of the submitting party. Dellavalle Laboratory, Inc. assumes no responsibility for report alteration, separation, detachment or third party interpretation.

DELLAVALLE™ LABORATORY INC

Healy Ranch
6924 Healy Road
Merced, CA 95341

Account# 00-0022205
Account Manager: Ben Nydam
Submitted By: FR
Ranch: HR

Received: 11/21/2023 16:09
Reported: 11/29/2023 12:14

Sample Results
(Continued)

Sample: DW-5
23K1126-02 (Water)

Sampled: 11/21/2023 0:00
Sampled By: DJF

Analyte	Result	Units	Reporting Limit	DIL	DW MCL	Date/Time Analyzed	Method	Notes	Batch
Electrical Conductivity	**1.81**	mmhos/cm	0.01	1		11/28/23 15:36	SM 2510 B		BEK0749
Electrical Conductivity umhos	**1810**	umhos/cm	10.0	1		11/28/23 15:36	SM 2510 B		BEK0749
Nitrate Nitrogen as NO3N	**3.9**	mg/L	0.1	1	10	11/22/23 02:53	EPA 300.0		BEK0691
Temperature	**25.0**	units	0.0	1		11/28/23 15:36	SM 4500-H+	H	BEK0749
pH	**8.0**	units	1.0	1		11/28/23 15:36	SM 4500-H+	H	BEK0749
Total Filterable Solids (TDS)	**1030**	mg/L	10.0	1		11/27/23 14:47	SM 2540 C		BEK0738
Kjeldahl Nitrogen (TKN), Total	ND	mg/L	1.00	1		11/27/23 08:56	SM 4500-NH3 C		BEK0724
Total Nitrogen	**3.94**	mg/L	1.00	1		11/27/23 08:56	SM 4500-NH3 C		BEK0724

The results in this report apply to the samples as received and were analyzed in accordance with the chain of custody document. This analytical report must be reproduced in its entirety. All results listed in this report are for the exclusive use of the submitting party. Dellavalle Laboratory, Inc. assumes no responsibility for report alteration, separation, detachment or third party interpretation.

DocuSign Envelope ID: 9E85760B-4AEC-4B8D-84A5-41F253B923CE

DELLAVALLE™ LABORATORY INC

Healy Ranch
6924 Healy Road
Merced, CA 95341

Account# 00-0022205
Account Manager: Ben Nydam
Submitted By: FR
Ranch: HR

Received: 11/21/2023 16:09
Reported: 11/29/2023 12:14

Quality Control

Analyte	Result	Qual	Reporting Limit	Units	Spike Level	Source Result	%REC	%REC Limits	RPD	RPD Limit
Batch: BEK0691										
Blank (BEK0691-BLK1)					Prepared & Analyzed: 11/21/2023					
Nitrate Nitrogen as NO3N	ND		0.1	mg/L						
Blank (BEK0691-BLK2)					Prepared & Analyzed: 11/21/2023					
Nitrate Nitrogen as NO3N	ND		0.1	mg/L						
Blank (BEK0691-BLK3)					Prepared & Analyzed: 11/22/2023					
Nitrate Nitrogen as NO3N	ND		0.1	mg/L						
LCS (BEK0691-BS1)					Prepared & Analyzed: 11/21/2023					
Nitrate Nitrogen as NO3N	5.2		0.1	mg/L	5.000		103	90-110		
LCS (BEK0691-BS2)					Prepared & Analyzed: 11/22/2023					
Nitrate Nitrogen as NO3N	5.2		0.1	mg/L	5.000		103	90-110		
Duplicate (BEK0691-DUP1)		**Source: 23K1079-01**			Prepared & Analyzed: 11/21/2023					
Nitrate Nitrogen as NO3N	6.1		0.1	mg/L		6.0			0.463	10
Duplicate (BEK0691-DUP2)		**Source: 23K1089-01**			Prepared & Analyzed: 11/22/2023					
Nitrate Nitrogen as NO3N	2.3		0.1	mg/L		2.3			0.431	10
Matrix Spike (BEK0691-MS1)		**Source: 23K1079-01**			Prepared & Analyzed: 11/21/2023					
Nitrate Nitrogen as NO3N	11.3		0.1	mg/L	5.000	6.0	105	90-110		
Matrix Spike (BEK0691-MS2)		**Source: 23K1089-01**			Prepared & Analyzed: 11/22/2023					
Nitrate Nitrogen as NO3N	7.6		0.1	mg/L	5.000	2.3	105	90-110		
Reference (BEK0691-SRM1)					Prepared & Analyzed: 11/21/2023					
Nitrate Nitrogen as NO3N	10.3			mg/L	10.00		103	90-110		
Reference (BEK0691-SRM2)					Prepared & Analyzed: 11/21/2023					
Nitrate Nitrogen as NO3N	10.4			mg/L	10.00		104	90-110		
Reference (BEK0691-SRM3)					Prepared & Analyzed: 11/22/2023					
Nitrate Nitrogen as NO3N	10.3			mg/L	10.00		103	90-110		

The results in this report apply to the samples as received and were analyzed in accordance with the chain of custody document. This analytical report must be reproduced in its entirety. All results listed in this report are for the exclusive use of the submitting party. Dellavalle Laboratory, Inc. assumes no responsibility for report alteration, separation, detachment or third party interpretation.

DELLAVALLE™ LABORATORY INC

Healy Ranch
6924 Healy Road
Merced, CA 95341

Account# 00-0022205
Account Manager: Ben Nydam
Submitted By: FR
Ranch: HR

Received: 11/21/2023 16:09
Reported: 11/29/2023 12:14

Quality Control
(Continued)

Analyte	Result	Qual	Reporting Limit	Units	Spike Level	Source Result	%REC	%REC Limits	RPD	RPD Limit
Batch: BEK0724										
Blank (BEK0724-BLK1)					Prepared: 11/21/2023	Analyzed: 11/27/2023				
Kjeldahl Nitrogen (TKN), Total	ND		1.00	mg/L						
Total Nitrogen	ND		1.00	mg/L						
Blank (BEK0724-BLK2)					Prepared: 11/21/2023	Analyzed: 11/27/2023				
Kjeldahl Nitrogen (TKN), Total	ND		1.00	mg/L						
Total Nitrogen	ND		1.00	mg/L						
LCS (BEK0724-BS1)					Prepared: 11/21/2023	Analyzed: 11/27/2023				
Kjeldahl Nitrogen (TKN), Total	5.23		1.00	mg/L	5.709		91.6	90-110		
LCS (BEK0724-BS2)					Prepared: 11/21/2023	Analyzed: 11/27/2023				
Kjeldahl Nitrogen (TKN), Total	5.87		1.00	mg/L	5.709		103	90-110		
Duplicate (BEK0724-DUP1)		**Source: 23K1054-01**			Prepared: 11/21/2023	Analyzed: 11/27/2023				
Kjeldahl Nitrogen (TKN), Total	38.2		3.50	mg/L		37.3			2.60	10
Duplicate (BEK0724-DUP2)		**Source: 23K1126-01**			Prepared: 11/21/2023	Analyzed: 11/27/2023				
Kjeldahl Nitrogen (TKN), Total	ND		1.40	mg/L		ND				10
Matrix Spike (BEK0724-MS1)		**Source: 23K1054-01**			Prepared: 11/21/2023	Analyzed: 11/27/2023				
Kjeldahl Nitrogen (TKN), Total	53.2		3.50	mg/L	9.990	37.3	159	90-110		
Matrix Spike (BEK0724-MS2)		**Source: 23K1126-01**			Prepared: 11/21/2023	Analyzed: 11/27/2023				
Kjeldahl Nitrogen (TKN), Total	9.68		1.40	mg/L		ND		90-110		
Reference (BEK0724-SRM1)					Prepared: 11/21/2023	Analyzed: 11/27/2023				
Kjeldahl Nitrogen (TKN), Total	25.4			mg/L	23.80		107	90-110		

The results in this report apply to the samples as received and were analyzed in accordance with the chain of custody document. This analytical report must be reproduced in its entirety. All results listed in this report are for the exclusive use of the submitting party. Dellavalle Laboratory, Inc. assumes no responsibility for report alteration, separation, detachment or third party interpretation.

DELLAVALLE™ LABORATORY INC

Healy Ranch
6924 Healy Road
Merced, CA 95341

Account# 00-0022205
Account Manager: Ben Nydam
Submitted By: FR
Ranch: HR

Received: 11/21/2023 16:09
Reported: 11/29/2023 12:14

Quality Control
(Continued)

Analyte	Result	Qual	Reporting Limit	Units	Spike Level	Source Result	%REC	%REC Limits	RPD	RPD Limit
Batch: BEK0738										
Blank (BEK0738-BLK1)					Prepared: 11/22/2023 Analyzed: 11/27/2023					
Total Filterable Solids (TDS)	ND		10.0	mg/L						
LCS (BEK0738-BS1)					Prepared: 11/22/2023 Analyzed: 11/27/2023					
Total Filterable Solids (TDS)	25.0		10.0	mg/L	2000		1.25	0-200		
Duplicate (BEK0738-DUP1)			**Source: 23K1092-01**		Prepared: 11/22/2023 Analyzed: 11/27/2023					
Total Filterable Solids (TDS)	3600		10.0	mg/L		3770			4.52	10
Duplicate (BEK0738-DUP2)			**Source: 23K1126-02**		Prepared: 11/22/2023 Analyzed: 11/27/2023					
Total Filterable Solids (TDS)	1010		10.0	mg/L		1030			1.96	10
Reference (BEK0738-SRM1)					Prepared: 11/22/2023 Analyzed: 11/27/2023					
Total Filterable Solids (TDS)	313			mg/L	325.0		96.4	90-110		

The results in this report apply to the samples as received and were analyzed in accordance with the chain of custody document. This analytical report must be reproduced in its entirety. All results listed in this report are for the exclusive use of the submitting party. Dellavalle Laboratory, Inc. assumes no responsibility for report alteration, separation, detachment or third party interpretation.

DELLAVALLE™ LABORATORY INC

Healy Ranch
6924 Healy Road
Merced, CA 95341

Account# 00-0022205
Account Manager: Ben Nydam
Submitted By: FR
Ranch: HR

Received: 11/21/2023 16:09
Reported: 11/29/2023 12:14

Quality Control
(Continued)

Analyte	Result	Qual	Reporting Limit	Units	Spike Level	Source Result	%REC	%REC Limits	RPD	RPD Limit
Batch: BEK0749										
Blank (BEK0749-BLK1)					Prepared: 11/22/2023	Analyzed: 11/28/2023				
Temperature	25.0		0.0	units						
Electrical Conductivity	ND		0.01	mmhos/cm						
Electrical Conductivity umhos	ND		10.0	umhos/cm						
pH	5.5		1.0	units						
Blank (BEK0749-BLK2)					Prepared: 11/22/2023	Analyzed: 11/28/2023				
Temperature	25.0		0.0	units						
Electrical Conductivity	ND		0.01	mmhos/cm						
pH	6.0		1.0	units						
Electrical Conductivity umhos	ND		10.0	umhos/cm						
Blank (BEK0749-BLK3)					Prepared: 11/22/2023	Analyzed: 11/28/2023				
Temperature	25.0		0.0	units						
Electrical Conductivity	ND		0.01	mmhos/cm						
pH	6.5		1.0	units						
Electrical Conductivity umhos	ND		10.0	umhos/cm						
Duplicate (BEK0749-DUP1)		**Source: 23K1078-01**			Prepared: 11/22/2023	Analyzed: 11/28/2023				
Electrical Conductivity	1.17		0.01	mmhos/cm		1.20			2.76	10
pH	8.0		1.0	units		8.1			0.248	10
Electrical Conductivity umhos	1170		10.0	umhos/cm		1200			2.76	10
Duplicate (BEK0749-DUP2)		**Source: 23K1126-02**			Prepared: 11/22/2023	Analyzed: 11/28/2023				
Electrical Conductivity	1.82		0.01	mmhos/cm		1.81			0.727	10
Electrical Conductivity umhos	1820		10.0	umhos/cm		1810			0.727	10
pH	8.0		1.0	units		8.0			0.125	10
Reference (BEK0749-SRM1)					Prepared: 11/22/2023	Analyzed: 11/28/2023				
Electrical Conductivity	552			umhos/cm	538.0		103	90-110		
Reference (BEK0749-SRM2)					Prepared: 11/22/2023	Analyzed: 11/28/2023				
pH	7.5			units	7.520		100	67021-101.32		
Reference (BEK0749-SRM3)					Prepared: 11/22/2023	Analyzed: 11/28/2023				
Electrical Conductivity	1040			umhos/cm	1000		104	90-110		
Electrical Conductivity umhos	1040			umhos/cm	1000		104	90-110		
Reference (BEK0749-SRM4)					Prepared: 11/22/2023	Analyzed: 11/28/2023				
Electrical Conductivity	1050			umhos/cm	1000		105	90-110		
Electrical Conductivity umhos	1050			umhos/cm	1000		105	90-110		
Reference (BEK0749-SRM5)					Prepared: 11/22/2023	Analyzed: 11/28/2023				
Electrical Conductivity	1060			umhos/cm	1000		106	90-110		

The results in this report apply to the samples as received and were analyzed in accordance with the chain of custody document. This analytical report must be reproduced in its entirety. All results listed in this report are for the exclusive use of the submitting party. Dellavalle Laboratory, Inc. assumes no responsibility for report alteration, separation, detachment or third party interpretation.

DELLAVALLE™ LABORATORY INC

Healy Ranch
6924 Healy Road
Merced, CA 95341

Account# 00-0022205
Account Manager: Ben Nydam
Submitted By: FR
Ranch: HR

Received: 11/21/2023 16:09
Reported: 11/29/2023 12:14

Quality Control
(Continued)

Analyte	Result	Qual	Reporting Limit	Units	Spike Level	Source Result	%REC	%REC Limits	RPD	RPD Limit
Batch: BEK0749 (Continued)										
Reference (BEK0749-SRM5)					Prepared: 11/22/2023	Analyzed: 11/28/2023				
Electrical Conductivity umhos	1060			umhos/cm	1000		106	90-110		
Reference (BEK0749-SRM6)					Prepared: 11/22/2023	Analyzed: 11/28/2023				
pH	4.0			units	4.000		101	97.5-102.5		
Reference (BEK0749-SRM7)					Prepared: 11/22/2023	Analyzed: 11/28/2023				
pH	4.0			units	4.000		101	97.5-102.5		
Reference (BEK0749-SRM8)					Prepared: 11/22/2023	Analyzed: 11/28/2023				
pH	4.0			units	4.000		101	97.5-102.5		

The results in this report apply to the samples as received and were analyzed in accordance with the chain of custody document. This analytical report must be reproduced in its entirety. All results listed in this report are for the exclusive use of the submitting party. Dellavalle Laboratory, Inc. assumes no responsibility for report alteration, separation, detachment or third party interpretation.

11/21/23 16:09 23K1126

DELLAVALLE LABORATORY, INC.

1910 W. McKinley Avenue, Suite 110 • Fresno, CA 93728
www.dellavallelab.com 559 233-6129 800 228-9896 Fax 559 268-8174

No. Samples: Material: Water

JG

Purchase Order No | Bill To: Acct # 22205 | Cons # 08

Name: Healy Ranch
Address: 3157 E. Sandy Mush Rd.
City: Merced **State:** CA **Zip:** 95340
Telephone: **Fax:**
Cell/Email: dejagerfarms@gmail.com
COPY TO: dustin@dejagerfarms.com
krhodes@fragservices.com arjordan@fragservices.com
REQUESTED BY: FR
RANCH: HR
ID CROP:
Present Stage of Growth
Intended Previous
Date Sampled: **Sampled By:** DJF

Analysis Required:

( ) Manure: DM1 (N,P,K, Moisture)
( ) Manure: DM2 (DM1 Plus Ash, Ca, Mg, Na, S,
( ) Soil Spring: DS1 (NO_3-N (0'-1')
( ) Soil Fall: DS2 (FA1 (0-1'): NO_3-N (1-2"))
( ) Harvest Tissue: CRA1 (N, P, K, Moisture, Ash)
( ) Feed: ADF/NDF
( ) Petiole/Midrib: P1
( ) Leaf: L1
(X) Other: DCW1 + TN

[X] QA/QC Document [X] Copy of Chain [ ] Comments/Recommendations

DESCRIPTION OF SAMPLE

1 DW-1 -0.1
2 DW-5 0.8
3
4
5
6
7
8
9
10
11
12
13
14
15
16
17
18 IR Thermometer SN: 200560723
19 Correction Factor: 0°C
20 Calibration Due: 12/22/2023
21 Location: Laboratory
22
23
24

CHAIN OF CUSTODY

Carrier	Signature	Company	Received (Date/Time)	Relinquished (Date/Time)
First	JCF	DLV	11-21-23 2:56	11-21-23 3:48
Second				
Third				
Fourth	JG	DLI	11/21/23 16:09	

I guarantee that as the client, or on behalf of client named, I have the authority to contract the above requested services. Should it be found that I do not have such authority, I agree to be personally liable for all costs and, if there should be action against me for this breach, reasonable attorneys' fees. It is understood that payment is expected to be cash with samples unless terms have been previously arranged.

Terms are net 30 days; overdue accounts will be charged a liquidated damage fee of 2% per month (annually 24%) or $5.00 per month whichever is greater.

If payment is not made when due and a legitimate dispute exists concerning the product or services of Dellavalle Laboratory, Inc., it will be submitted to mediation under the Rules and Procedures of Creative Alternative to Litigation, Inc. (*cal*). If the dispute is not resolved in mediation, then the dispute will be submitted to binding arbitration through *cal* under its Rules and Procedures. The parties will equally bear the costs of mediation/arbitration. If, however, the mediator declares that no legitimate dispute exists, then debtor will pay all mediation and arbitration costs, and in the event of arbitration, reasonable attorneys' fees of Dellavalle Laboratory.

Invoicing Information: ***Shipping***
Sampling hrs $ In
Miles $ Out
Consulting

Amt Paid	Rec By	Check #	Date

Signature

Sample received in cooler with ice (coolant)
[ ] Yes [ ] No

X:\1-CLIENT CUSTOM FIELDSHEETS\FIELDSHEETS\Dairy Fieldsheets\[Vista Verde Dairy (A&R).xls]Soil & Tissue

DocuSign Envelope ID: 9E85760B-4AEC-4B8D-84A5-41F253B923CE

11/21/23 16:09 23K1126

Shipping Information: Shipped In ☐ Picked-Up ☒ Walk In ☐ DLI Sampler ☐ Other ☐ _____

☐ Samples refridgerated before pick up ☐ Picked up samples placed in Ice chest

Container: Ice Chest ☒ Box ☐ None ☐ **Refrigerant:** Wet Ice ☒ Blue Ice ☐ None ☐

Samples Preserved with HNO_3 or H_2SO_4 were: ☐ Received Preserved ☒ Preserved Upon Receipt at Laboratory

	Type of Container(s) Received	Sample Number 1	2	3	4	5	6	7	8	9	10
	Sample Containers for Internal (DLI) Use *(Containers that go into the Lab)*										
Plastics	100 mL sterile plastic $Na_2S_2O_3$ (Green)										
Plastics	250 mL unpreserved (White) Plastic										
Plastics	250 mL HNO_3 (Red) Plastic										
Plastics	* pH Value										
Plastics	250 mL H_2SO_4 (Yellow) Plastic	1	1								
Plastics	* pH Value	<2	<2								
Plastics	500 mL unpreserved (White) Plastic										
Plastics	1 L unpreserved (White) Plastic	1	1								
Plastics	1 L unpreserved (BOD) (Purple) Plastic										
Special	500mL unpreserved (White) Glass										
Special	PO4-P Kit										
Special	**Other:**										
	Sample Containers for Subcontracted ("Send Out") Analyses *(Containers that go in the Subcontract ("Send Out") Refrigerator)*										
Plastics	100 mL sterile plastic $Na_2S_2O_3$ (Green)										
Plastics	250 mL unpreserved (White) Plastic										
Plastics	250 mL HNO_3 (Red) Plastic										
Plastics	250 mL H_2SO_4 (Yellow) Plastic										
Plastics	500 mL HNO_3 (Red)										
Plastics	1 L unpreserved (White) Plastic										
Plastics	1 L unpreserved (BOD) (Purple) Plastic										
Plastics	1 L HNO_3 (Red)										
VOA Vials	40 mL VOA, $Na_2S_2O_3$ + MCAA (EPA531)										
VOA Vials	40 mL VOA, $Na_2S_2O_3$ (EPA547)										
VOA Vials	40mL AG VOA unpreserved (White) (Set of 3)										
VOA Vials	40 mL AG VOA, $Na_2S_2O_3$ (Green) (Set of 3)										
VOA Vials	40mL VOA, H_3PO_4 (Set of 3)										
VOA Vials	40 mL VOA, HCl (Blue) (Set of 3)										
VOA Vials	40 mL VOA, $Na_2S_2O_3$ (Green) (Set of 3)										
Glass	250 mL AG unpreserved (White)										
Glass	250 mL AG H_2SO_4 (Yellow)										
Glass	250 mL AG $Na_2S_2O_3$ (Green)										
Glass	250 mL AG $Na_2S_2O_3$ + MCAA										
Glass	500 mL glass unpreserved (White)										
Glass	500 mL AG HCl (Blue)										
Glass	1 L AG unpreserved (White)										
Glass	1 L AG H_2SO_4 (Yellow)										
Glass	1 L AG $Na_2S_2O_3$ (Green)										
Glass	1 L AG HCl (Blue)										
Special	Cr^{6+} - 50mL Plastic w/Borate/HCO_3/CO_3										
Special	Cyanide - 500 mL NaOH										
Special	Asbestos - 1L P wrapped in foil (Set of 2)										
Special	Sulfide - 1 L **AG** or **P** NaOH + ZnAc										
Special	Chlorite/Bromate - 250 mL AG with EDA										
Special	HAA5 - 250mL AG Ammonium Chlorite										
Special	DO KIT										
Special	**Other:**										
Special	**Other:**										

pH Strips
Lot: 10BDH4501 Exp: Jan 2025

SEND OUT

DocuSign Envelope ID: 9E85760B-4AEC-4B8D-84A5-41F253B923CE

DELLAVALLE™
LABORATORY INC

Healy Ranch
6924 Healy Road
Merced, CA 95341

Account# 00-0022205
Account Manager: Ben Nydam
Submitted By: FR Ag

Received: 11/16/2023 15:55
Reported: 11/29/2023 12:06

Samples in this Report

Lab ID	Sample	Matrix	Sampled By	Crop	Date Sampled
23K0933-01	HR - DOM 1	Drinking Water	FR Ag Services	Fresh Water	11/16/2023 10:49
23K0933-02	HR - DOM 2	Drinking Water	FR Ag Services	Fresh Water	11/16/2023 10:53
23K0933-03	HR - DOM 3	Drinking Water	FR Ag Services	Fresh Water	11/16/2023 10:55

Default Cooler Temperature on Receipt °C: 7.1
Containers Intact
COC/Labels Agree
Received On Ice

Notes and Definitions

Item	Definition
H	Hold Time Exceeded
MCL	Drinking Water Maximum Contaminant Level
ND	Analyte NOT DETECTED at or above the reporting limit.
NES	Not Enough Sample
*	Not Taken
RPD	Relative Percent Difference
%REC	Percent Recovery
Source	Sample that was matrix spiked or duplicated.

Scott McFriedland

Laboratory Director/Technical Manager

ELAP Certification #1595
A2LA Certification #6440.02

The results in this report apply to the samples as received and were analyzed in accordance with the chain of custody document. This analytical report must be reproduced in its entirety. All results listed in this report are for the exclusive use of the submitting party. Dellavalle Laboratory, Inc. assumes no responsibility for report alteration, separation, detachment or third party interpretation.

1910 W. McKinley Ave Suite 110 Fresno, CA 93728 559-233-6129 www.dellavallelab.com

DELLAVALLE™ LABORATORY INC

Healy Ranch
6924 Healy Road
Merced, CA 95341

Account# 00-0022205
Account Manager: Ben Nydam
Submitted By: FR Ag

Received: 11/16/2023 15:55
Reported: 11/29/2023 12:06

Sample Results

Sample: HR - DOM 1
23K0933-01 (Water)

Sampled: 11/16/2023 10:49
Sampled By: FR Ag Services

Analyte	Result	Units	Reporting Limit	DIL	DW MCL	Date/Time Analyzed	Method	Notes	Batch
Electrical Conductivity	**0.67**	mmhos/cm	0.01	1		11/27/23 09:40	SM 2510 B		BEK0619
Electrical Conductivity umhos	**666**	umhos/cm	10.0	1		11/27/23 09:40	SM 2510 B		BEK0619
Ammonia (as N)	*	mg/L	0.00	1		11/16/23 10:49	Field		BEK0606
Nitrate Nitrogen as NO3N	**12.8**	mg/L	0.1	1	10	11/17/23 20:04	EPA 300.0		BEK0627
Temperature	**25.0**	units	0.0	1		11/27/23 09:40	SM 4500-H+	H	BEK0619
pH	**7.7**	units	1.0	1		11/27/23 09:40	SM 4500-H+	H	BEK0619

The results in this report apply to the samples as received and were analyzed in accordance with the chain of custody document. This analytical report must be reproduced in its entirety. All results listed in this report are for the exclusive use of the submitting party. Dellavalle Laboratory, Inc. assumes no responsibility for report alteration, separation, detachment or third party interpretation.

DELLAVALLE™ LABORATORY INC

Healy Ranch
6924 Healy Road
Merced, CA 95341

Account# 00-0022205
Account Manager: Ben Nydam
Submitted By: FR Ag

Received: 11/16/2023 15:55
Reported: 11/29/2023 12:06

Sample Results
(Continued)

Sample: HR - DOM 2
23K0933-02 (Water)

Sampled: 11/16/2023 10:53
Sampled By: FR Ag Services

Analyte	Result	Units	Reporting Limit	DIL	DW MCL	Date/Time Analyzed	Method	Notes	Batch
Electrical Conductivity	**0.67**	mmhos/cm	0.01	1		11/27/23 09:42	SM 2510 B		BEK0619
Electrical Conductivity umhos	**671**	umhos/cm	10.0	1		11/27/23 09:42	SM 2510 B		BEK0619
Ammonia (as N)	*	mg/L	0.00	1		11/16/23 10:53	Field		BEK0606
Nitrate Nitrogen as NO3N	**12.8**	mg/L	0.1	1	10	11/17/23 20:24	EPA 300.0		BEK0627
Temperature	**25.0**	units	0.0	1		11/27/23 09:42	SM 4500-H+	H	BEK0619
pH	**7.9**	units	1.0	1		11/27/23 09:42	SM 4500-H+	H	BEK0619

The results in this report apply to the samples as received and were analyzed in accordance with the chain of custody document. This analytical report must be reproduced in its entirety. All results listed in this report are for the exclusive use of the submitting party. Dellavalle Laboratory, Inc. assumes no responsibility for report alteration, separation, detachment or third party interpretation.

DocuSign Envelope ID: 9E85760B-4AEC-4B8D-84A5-41F253B923CE

DELLAVALLE™ LABORATORY INC

Healy Ranch
6924 Healy Road
Merced, CA 95341

Account# 00-0022205
Account Manager: Ben Nydam
Submitted By: FR Ag

Received: 11/16/2023 15:55
Reported: 11/29/2023 12:06

Sample Results
(Continued)

Sample: HR - DOM 3
23K0933-03 (Water)

Sampled: 11/16/2023 10:55
Sampled By: FR Ag Services

Analyte	Result	Units	Reporting Limit	DIL	DW MCL	Date/Time Analyzed	Method	Notes	Batch
Electrical Conductivity	**0.69**	mmhos/cm	0.01	1		11/27/23 09:43	SM 2510 B		BEK0619
Electrical Conductivity umhos	**690**	umhos/cm	10.0	1		11/27/23 09:43	SM 2510 B		BEK0619
Ammonia (as N)	*	mg/L	0.00	1		11/16/23 10:55	Field		BEK0606
Nitrate Nitrogen as NO3N	**12.8**	mg/L	0.1	1	10	11/17/23 20:43	EPA 300.0		BEK0627
Temperature	**25.0**	units	0.0	1		11/27/23 09:43	SM 4500-H+	H	BEK0619
pH	**7.8**	units	1.0	1		11/27/23 09:43	SM 4500-H+	H	BEK0619

The results in this report apply to the samples as received and were analyzed in accordance with the chain of custody document. This analytical report must be reproduced in its entirety. All results listed in this report are for the exclusive use of the submitting party. Dellavalle Laboratory, Inc. assumes no responsibility for report alteration, separation, detachment or third party interpretation.

DELLAVALLE™ LABORATORY INC

Healy Ranch
6924 Healy Road
Merced, CA 95341

Account# 00-0022205
Account Manager: Ben Nydam
Submitted By: FR Ag

Received: 11/16/2023 15:55
Reported: 11/29/2023 12:06

Quality Control

Analyte	Result	Qual	Reporting Limit	Units	Spike Level	Source Result	%REC	%REC Limits	RPD	RPD Limit
Batch: BEK0619										
Blank (BEK0619-BLK1)					Prepared: 11/17/2023	Analyzed: 11/27/2023				
Temperature	25.0		0.0	units						
Electrical Conductivity	ND		0.01	mmhos/cm						
Electrical Conductivity umhos	ND		10.0	umhos/cm						
pH	5.5		1.0	units						
Blank (BEK0619-BLK2)					Prepared: 11/17/2023	Analyzed: 11/27/2023				
Temperature	25.0		0.0	units						
Electrical Conductivity	ND		0.01	mmhos/cm						
Electrical Conductivity umhos	ND		10.0	umhos/cm						
pH	5.9		1.0	units						
Blank (BEK0619-BLK3)					Prepared: 11/17/2023	Analyzed: 11/27/2023				
Electrical Conductivity	ND		0.01	mmhos/cm						
Temperature	25.0		0.0	units						
Electrical Conductivity umhos	ND		10.0	umhos/cm						
pH	6.1		1.0	units						
Duplicate (BEK0619-DUP1)		**Source: 23K0934-04**			Prepared: 11/17/2023	Analyzed: 11/27/2023				
Electrical Conductivity	0.35		0.01	mmhos/cm		0.35			0.775	10
pH	7.8		1.0	units		7.7			1.29	10
Electrical Conductivity umhos	350		10.0	umhos/cm		347			0.775	10
Duplicate (BEK0619-DUP2)		**Source: 23K0939-02**			Prepared: 11/17/2023	Analyzed: 11/27/2023				
Electrical Conductivity	0.58		0.01	mmhos/cm		0.58			0.310	10
Electrical Conductivity umhos	579		10.0	umhos/cm		581			0.310	10
pH	8.1		1.0	units		8.1			0.371	10
Reference (BEK0619-SRM1)					Prepared: 11/17/2023	Analyzed: 11/27/2023				
Electrical Conductivity	557			umhos/cm	538.0		104	90-110		
Reference (BEK0619-SRM2)					Prepared: 11/17/2023	Analyzed: 11/27/2023				
pH	7.6			units	7.520		101	67021-101.32		
Reference (BEK0619-SRM3)					Prepared: 11/17/2023	Analyzed: 11/27/2023				
Electrical Conductivity	1050			umhos/cm	1000		105	90-110		
Electrical Conductivity umhos	1050			umhos/cm	1000		105	90-110		
Reference (BEK0619-SRM4)					Prepared: 11/17/2023	Analyzed: 11/27/2023				
Electrical Conductivity	1080			umhos/cm	1000		108	90-110		
Electrical Conductivity umhos	1080			umhos/cm	1000		108	90-110		
Reference (BEK0619-SRM5)					Prepared: 11/17/2023	Analyzed: 11/27/2023				
Electrical Conductivity	1070			umhos/cm	1000		107	90-110		

The results in this report apply to the samples as received and were analyzed in accordance with the chain of custody document. This analytical report must be reproduced in its entirety. All results listed in this report are for the exclusive use of the submitting party. Dellavalle Laboratory, Inc. assumes no responsibility for report alteration, separation, detachment or third party interpretation.

DocuSign Envelope ID: 9E85760B-4AEC-4B8D-84A5-41F253B923CE

DELLAVALLE™ LABORATORY INC

Healy Ranch
6924 Healy Road
Merced, CA 95341

Account# 00-0022205
Account Manager: Ben Nydam
Submitted By: FR Ag

Received: 11/16/2023 15:55
Reported: 11/29/2023 12:06

Quality Control
(Continued)

Analyte	Result	Qual	Reporting Limit	Units	Spike Level	Source Result	%REC	%REC Limits	RPD	RPD Limit
Batch: BEK0619 (Continued)										
Reference (BEK0619-SRM5)					Prepared: 11/17/2023	Analyzed: 11/27/2023				
Electrical Conductivity umhos	1070			umhos/cm	1000		107	90-110		
Reference (BEK0619-SRM6)					Prepared: 11/17/2023	Analyzed: 11/27/2023				
pH	4.0			units	4.000		100	97.5-102.5		
Reference (BEK0619-SRM7)					Prepared: 11/17/2023	Analyzed: 11/27/2023				
pH	4.0			units	4.000		101	97.5-102.5		
Reference (BEK0619-SRM8)					Prepared: 11/17/2023	Analyzed: 11/27/2023				
pH	4.0			units	4.000		101	97.5-102.5		

The results in this report apply to the samples as received and were analyzed in accordance with the chain of custody document. This analytical report must be reproduced in its entirety. All results listed in this report are for the exclusive use of the submitting party. Dellavalle Laboratory, Inc. assumes no responsibility for report alteration, separation, detachment or third party interpretation.

DELLAVALLE™ LABORATORY INC

Healy Ranch
6924 Healy Road
Merced, CA 95341

Account# 00-0022205
Account Manager: Ben Nydam
Submitted By: FR Ag

Received: 11/16/2023 15:55
Reported: 11/29/2023 12:06

Quality Control
(Continued)

Analyte	Result	Qual	Reporting Limit	Units	Spike Level	Source Result	%REC	%REC Limits	RPD	RPD Limit
Batch: BEK0627										
Blank (BEK0627-BLK1)					Prepared & Analyzed: 11/17/2023					
Nitrate Nitrogen as NO3N	ND		0.1	mg/L						
Blank (BEK0627-BLK2)					Prepared & Analyzed: 11/17/2023					
Nitrate Nitrogen as NO3N	ND		0.1	mg/L						
Blank (BEK0627-BLK3)					Prepared: 11/17/2023 Analyzed: 11/18/2023					
Nitrate Nitrogen as NO3N	ND		0.1	mg/L						
LCS (BEK0627-BS1)					Prepared & Analyzed: 11/17/2023					
Nitrate Nitrogen as NO3N	5.0		0.1	mg/L	5.000		100	90-110		
LCS (BEK0627-BS2)					Prepared: 11/17/2023 Analyzed: 11/18/2023					
Nitrate Nitrogen as NO3N	5.0		0.1	mg/L	5.000		100	90-110		
Duplicate (BEK0627-DUP1)		**Source: 23K0928-02**			Prepared & Analyzed: 11/17/2023					
Nitrate Nitrogen as NO3N	0.06		0.1	mg/L		0.06			1.60	10
Duplicate (BEK0627-DUP2)		**Source: 23K0940-01**			Prepared: 11/17/2023 Analyzed: 11/18/2023					
Nitrate Nitrogen as NO3N	0.03		0.1	mg/L		0.04			2.90	10
Matrix Spike (BEK0627-MS1)		**Source: 23K0928-02**			Prepared & Analyzed: 11/17/2023					
Nitrate Nitrogen as NO3N	5.1		0.1	mg/L	5.000	0.06	101	90-110		
Matrix Spike (BEK0627-MS2)		**Source: 23K0940-01**			Prepared: 11/17/2023 Analyzed: 11/18/2023					
Nitrate Nitrogen as NO3N	4.9		0.1	mg/L	5.000	0.04	97.6	90-110		
Reference (BEK0627-SRM1)					Prepared & Analyzed: 11/17/2023					
Nitrate Nitrogen as NO3N	9.8			mg/L	10.00		97.6	90-110		
Reference (BEK0627-SRM2)					Prepared & Analyzed: 11/17/2023					
Nitrate Nitrogen as NO3N	9.8			mg/L	10.00		97.9	90-110		
Reference (BEK0627-SRM3)					Prepared: 11/17/2023 Analyzed: 11/18/2023					
Nitrate Nitrogen as NO3N	9.9			mg/L	10.00		98.6	90-110		

The results in this report apply to the samples as received and were analyzed in accordance with the chain of custody document. This analytical report must be reproduced in its entirety. All results listed in this report are for the exclusive use of the submitting party. Dellavalle Laboratory, Inc. assumes no responsibility for report alteration, separation, detachment or third party interpretation.

DocuSign Envelope ID: 9E85760B-4AEC-4B8D-84A5-41F253B923CE

WATER WORK REQUEST

DELLAVALLE LABORATORY, INC.
1910 W. McKinley Avenue, Suite 110 • Fresno, CA 93728
www.dellavallelab.com 559 233-6129 · 800 228-9896 · Fax 559 268-8174

Purchase Order No

Bill To: Acct # 22205 Cons # 8

No. Samples: 3 No of Bottles:

Results Need By

Water Type: [X] Drinking Water [ ] Wastewater [ ] Ag Water [ ] Groundwater [ ] Monitoring Well

Other:

Name: Healy Ranch
Address: 13701 Hwy 59
City: El Nido **State:** CA **Zip:** 95317
Telephone: **Fax:**
Cell/Email: edward.r.dejager@gmail.com
COPY TO: labs@fragservices.com
krhodes@fragservices.com ariordan@fragservices.com
REQUESTED BY: FR Ag
PROJECT:
CROP: FRESH WATER

[X] Copy of Chain [X] QA/QC Documents
Sampled By: FR Ag Services

Analysis and Bottles Required: (*Please indicate Analysis*)

(X) DWW1: EC, NO_3-N NH4-N Field Test
(1-1 Liter Plastic, Unpreserved) White Per Sample
( ) DWW2: DWW1 Plus SO_4, CO_3, HCO_3, Cl, Ca, Mg, Na, TDS
(1-1 Liter Plastic, Unpreserved) White Per Sample
( ) DCW1: EC, NO_3-N, TKN, TN, TDS
(1-1 Liter Plastic, Unpreserved) White Per Sample
( ) DPW1: EC, NO_3-N, NH_4-N, TKN, TDS, TP, TK
(1-1 Liter Plastic, Unpreserved) White Per Sample
( ) DPW2: DPW1 Plus Ca, Mg, Na, HCO_3, CO_3, SO_4, Cl
(1-1 Liter Plastic, Unpreserved) White Per Sample
( ) Other

	Description of Samples	Date Sampled	Time Sampled	Rec'd Temp °C	Field NH_4-N
1	HR - DOM 1	11/16	1049	7.1	
2	HR - DOM 2	↓	1053	8.1	
3	HR - DOM 3		1055	7.7	
4					
5					
6					
7					
8					
9					
10					

IR Thermometer SN: 221314357
Correction Factor: 0°C
Calibration Due: 12/22/2023
Location: Laboratory

11/16/23 15:55 23K0933

JKA

CHAIN OF CUSTODY

Carrier	Signature	Company	Received (Date/Time)	Relinquished (Date/Time)
First	Kierstan Rhodes	FR Ag Services	11/14 1049	
Second	JLF	DLV	11-16-23 1:55	11-16-23 3:25
Third		DLV	11-16-23 15:55	
Fourth				

I guarantee that as the client, or on behalf of client named, I have the authority to contract the above requested services. Should it be found that I do not have such authority, I agree to be personally liable for all costs and, if there should be action against me for this breach, reasonable attorneys' fees. It is understood that payment is expected to be cash with samples unless terms have been previously arranged. Terms are net 30 days; overdue accounts will be charged a liquidated damage fee of 2% per month (annually 24%) or $5.00 per month whichever is greater.
If payment is not made when due and a legitimate dispute exists concerning the product or services of Dellavalle Laboratory, Inc., it will be submitted to mediation under the Rules and Procedures of Creative Alternative to Litigation, Inc. (*cal*). If the dispute is not resolved in mediation, then the dispute will be submitted to binding arbitration through ***cal*** under its Rules and Procedures. The parties will equally bear the costs of mediation/arbitration. If, however, the mediator declares that no legitimate dispute exists, then debtor will pay all mediation and arbitration costs, and in the event of arbitration, reasonable attorneys' fees of Dellavalle Laboratory.

Invoicing Information:
Sampling hrs
Miles
Consulting

Shipping
$ In
$ Out

Amt Paid	Rec By	Check #	Date

Signature

Sample received in cooler with ice (coolant)
[ ] Yes [ ] No

X:\1-CLIENT CUSTOM FIELDSHEETS\FIELDSHEETS\Dairy Fieldsheets\[Healy Ranch Water.xls]Dairy Water

DocuSign Envelope ID: 9E85760B-4AEC-4B8D-84A5-41F253B923CE

11/16/23 15:55 23K0933

Shipping Information: Shipped In ☐ Picked-Up ☒ Walk In ☐ DLI Sampler ☐ Other ☐ _____

☐ Samples refridgerated before pick up ☐ Picked up samples placed in Ice chest

Container: Ice Chest ☒ Box ☐ None ☐ **Refrigerant:** Wet Ice ☒ Blue Ice ☐ None ☐

Samples Preserved with HNO_3 or H_2SO_4 were: ☐ Received Preserved ☐ Preserved Upon Receipt at Laboratory

	Type of Container(s) Received	Sample Number 1	2	3	4	5	6	7	8	9	10
	Sample Containers for Internal (DLI) Use *(Containers that go into the Lab)*										
Plastics	100 mL sterile plastic $Na_2S_2O_3$ (Green)										
	250 mL unpreserved (White) Plastic										
	250 mL HNO_3 (Red) Plastic										
	* pH Value										
	250 mL H_2SO_4 (Yellow) Plastic										
	* pH Value										
	500 mL unpreserved (White) Plastic										
	1 L unpreserved (White) Plastic	1	1	1							
	1 L unpreserved (BOD) (Purple) Plastic										
Special	500mL unpreserved (White) Glass										
	PO4-P Kit										
	Other:										
	Sample Containers for Subcontracted ("Send Out") Analyses *(Containers that go in the Subcontract ("Send Out") Refrigerator)*										
Plastics	100 mL sterile plastic $Na_2S_2O_3$ (Green)										
	250 mL unpreserved (White) Plastic										
	250 mL HNO_3 (Red) Plastic										
	250 mL H_2SO_4 (Yellow) Plastic										
	500 mL HNO_3 (Red)										
	1 L unpreserved (White) Plastic										
	1 L unpreserved (BOD) (Purple) Plastic										
	1 L HNO_3 (Red)										
VOA Vials	40 mL VOA, $Na_2S_2O_3$ + MCAA (EPA531)										
	40 mL VOA, $Na_2S_2O_3$ (EPA547)										
	40mL AG VOA unpreserved (White) (Set of 3)										
	40 mL AG VOA, $Na_2S_2O_3$ (Green) (Set of 3)										
	40mL VOA, H_3PO_4 (Set of 3)										
	40 mL VOA, HCl (Blue) (Set of 3)										
	40 mL VOA, $Na_2S_2O_3$ (Green) (Set of 3)										
Glass	250 mL AG unpreserved (White)										
	250 mL AG H_2SO_4 (Yellow)										
	250 mL AG $Na_2S_2O_3$ (Green)										
	250 mL AG $Na_2S_2O_3$ + MCAA										
	500 mL glass unpreserved (White)										
	500 mL AG HCl (Blue)										
	1 L AG unpreserved (White)										
	1 L AG H_2SO_4 (Yellow)										
	1 L AG $Na_2S_2O_3$ (Green)										
	1 L AG HCl (Blue)										
Special	Cr^{6+} - 50mL Plastic w/Borate/HCO_3/CO_3										
	Cyanide - 500 mL NaOH										
	Asbestos - 1L P wrapped in foil (Set of 2)										
	Sulfide - 1 L **AG** or **P** NaOH + ZnAc										
	Chlorite/Bromate - 250 mL AG with EDA										
	HAA5 - 250mL AG Ammonium Chlorite										
	DO KIT										
	Other:										
	Other:										

SEND OUT

DocuSign Envelope ID: 9E85760B-4AEC-4B8D-84A5-41F253B923CE

WATER WORK REQUEST

DELLAVALLE LABORATORY, INC.
1910 W. McKinley Avenue, Suite 110 • Fresno, CA 93728
www.dellavallelab.com 559 233-6129 · 800 228-9896 · Fax 559 268-8174

No. Samples: 3 No of Bottles: 3

Purchase Order No

Bill To: 22205 Acct # | 8 Cons #

Results Need By

Water Type: [X] Drinking Water [ ] Wastewater [ ] Ag Water [ ] Groundwater [ ] Monitoring Well

Name: Healy Ranch
Address: 13701 Hwy 59
City: El Nido **State:** CA **Zip:** 95317
Telephone: **Fax:**
Cell/Email: edward.r.dejager@gmail.com
COPY TO: labs@fragservices.com
krhodes@fragservices.com ariordan@fragservices.com
REQUESTED BY: FR Ag
PROJECT:
CROP: FRESH WATER

[X] Copy of Chain [X] QA/QC Documents
Sampled By: FR Ag Services

Other:

Analysis and Bottles Required: (*Please indicate Analysis*)

(X) DWW1: EC, NO_3-N NH4-N Field Test
(1-1 Liter Plastic, Unpreserved) White Per Sample
( ) DWW2: DWW1 Plus SO_4, CO_3, HCO_3, Cl, Ca, Mg, Na, TDS
(1-1 Liter Plastic, Unpreserved) White Per Sample
( ) DCW1: EC, NO_3-N, TKN, TN, TDS
(1-1 Liter Plastic, Unpreserved) White Per Sample
( ) DPW1: EC, NO_3-N, NH_4-N, TKN, TDS, TP, TK
(1-1 Liter Plastic, Unpreserved) White Per Sample
( ) DPW2: DPW1 Plus Ca, Mg, Na, HCO_3, CO_3, SO_4, Cl
(1-1 Liter Plastic, Unpreserved) White Per Sample
( ) Other

	Description of Samples	Date Sampled	Time Sampled	Rec'd Temp °C	Field NH_4-N
1	12.9 HR - DOM 1	11/16	1049	7.1	
2	12.8 HR - DOM 2	↓	1053	8.1	
3	12.8 HR - DOM 3		1055	7.7	
4					
5					
6					
7					
8					
9					
10					

EC03.0 mg/L

IR Thermometer SN: 221314357
Correction Factor: 0°C
Calibration Due: 12/22/2023
Location: Laboratory

11/16/23 15:55 23K0933

JA

Kara 11/20/23 11:58 - rm for Alex

CHAIN OF CUSTODY

Carrier	Signature	Company	Received (Date/Time)	Relinquished (Date/Time)
First	Kierstan Rhodes	FR Ag Services	11/14 1049	
Second	JLF	DLV	11-16-23 1:55	11-16-23 3:25
Third		DLV	11-16-23 15:55	
Fourth				

I guarantee that as the client, or on behalf of client named, I have the authority to contract the above requested services. Should it be found that I do not have such authority, I agree to be personally liable for all costs and, if there should be action against me for this breach, reasonable attorneys' fees. It is understood that payment is expected to be cash with samples unless terms have been previously arranged. Terms are net 30 days; overdue accounts will be charged a liquidated damage fee of 2% per month (annually 24%) or $5.00 per month whichever is greater.

If payment is not made when due and a legitimate dispute exists concerning the product or services of Dellavalle Laboratory, Inc., it will be submitted to mediation under the Rules and Procedures of Creative Alternative to Litigation, Inc. (*cal*). If the dispute is not resolved in mediation, then the dispute will be submitted to binding arbitration through *cal* under its Rules and Procedures. The parties will equally bear the costs of mediation/arbitration. If, however, the mediator declares that no legitimate dispute exists, then debtor will pay all mediation and arbitration costs, and in the event of arbitration, reasonable attorneys' fees of Dellavalle Laboratory.

Invoicing Information:
Sampling hrs
Miles
Consulting

Shipping
$ In
$ Out

Amt Paid	Rec By	Check #	Date

Signature

Sample received in cooler with ice (coolant)
[ ] Yes [ ] No

X:\1-CLIENT CUSTOM FIELDSHEETS\FIELDSHEETS\Dairy Fieldsheets\[Healy Ranch Water.xls]Dairy Water

DocuSign Envelope ID: 9E85760B-4AEC-4B8D-84A5-41F253B923CE

11/16/23 15:55 23K0933

Shipping Information: Shipped In ☐ Picked-Up ☒ Walk In ☐ DLI Sampler ☐ Other ☐ _____

☐ Samples refridgerated before pick up | ☐ Picked up samples placed in Ice chest

Container: Ice Chest ☒ Box ☐ None ☐ | **Refrigerant:** Wet Ice ☒ Blue Ice ☐ None ☐

Samples Preserved with HNO_3 or H_2SO_4 were: ☐ Received Preserved ☐ Preserved Upon Receipt at Laboratory

	Type of Container(s) Received	Sample Number 1	2	3	4	5	6	7	8	9	10
	Sample Containers for Internal (DLI) Use *(Containers that go into the Lab)*										
Plastics	100 mL sterile plastic $Na_2S_2O_3$ (Green)										
	250 mL unpreserved (White) Plastic										
	250 mL HNO_3 (Red) Plastic										
	* pH Value										
	250 mL H_2SO_4 (Yellow) Plastic										
	* pH Value										
	500 mL unpreserved (White) Plastic										
	1 L unpreserved (White) Plastic	1	1	1							
	1 L unpreserved (BOD) (Purple) Plastic										
Special	500mL unpreserved (White) Glass										
	PO4-P Kit										
	Other:										
	Sample Containers for Subcontracted ("Send Out") Analyses *(Containers that go in the Subcontract ("Send Out") Refrigerator)*										
Plastics	100 mL sterile plastic $Na_2S_2O_3$ (Green)										
	250 mL unpreserved (White) Plastic										
	250 mL HNO_3 (Red) Plastic										
	250 mL H_2SO_4 (Yellow) Plastic										
	500 mL HNO_3 (Red)										
	1 L unpreserved (White) Plastic										
	1 L unpreserved (BOD) (Purple) Plastic										
	1 L HNO_3 (Red)										
VOA Vials	40 mL VOA, $Na_2S_2O_3$ + MCAA (EPA531)										
	40 mL VOA, $Na_2S_2O_3$ (EPA547)										
	40mL AG VOA unpreserved (White) (Set of 3)										
	40 mL AG VOA, $Na_2S_2O_3$ (Green) (Set of 3)										
	40mL VOA, H_3PO_4 (Set of 3)										
	40 mL VOA, HCl (Blue) (Set of 3)										
	40 mL VOA, $Na_2S_2O_3$ (Green) (Set of 3)										
Glass	250 mL AG unpreserved (White)										
	250 mL AG H_2SO_4 (Yellow)										
	250 mL AG $Na_2S_2O_3$ (Green)										
	250 mL AG $Na_2S_2O_3$ + MCAA										
	500 mL glass unpreserved (White)										
	500 mL AG HCl (Blue)										
	1 L AG unpreserved (White)										
	1 L AG H_2SO_4 (Yellow)										
	1 L AG $Na_2S_2O_3$ (Green)										
	1 L AG HCl (Blue)										
Special	Cr^{6+} - 50mL Plastic w/Borate/HCO_3/CO_3										
	Cyanide - 500 mL NaOH										
	Asbestos - 1L P wrapped in foil (Set of 2)										
	Sulfide - 1 L **AG** or **P** NaOH + ZnAc										
	Chlorite/Bromate - 250 mL AG with EDA										
	HAA5 - 250mL AG Ammonium Chlorite										
	DO KIT										
	Other:										
	Other:										

DRAFT
SENT OUT