Annual Report - General Order No. R5-2007-0035
Reporting period 01/01/2023 to 12/31/2023.

DAIRY FACILITY INFORMATION

A. NAME OF DAIRY OR BUSINESS OPERATING THE DAIRY: Cross Creek Dairy

Physical address of dairy:

Number and Street	City	County	Zip Code
14371 East AVE	Turlock	Merced	95380

Street and nearest cross street (if no address):

Date facility was originally placed in operation: 01/01/1960

Regional Water Quality Control Board Basin Plan designation: San Joaquin River Basin

County Assessor Parcel Number(s) for dairy facility:

B. OPERATORS

George, Joe & Fatima

Operator name: George, Joe & Fatima

Telephone no.: Landline: ; Cellular: (209) 586-0290

Mailing Address Number and Street	City	State	Zip Code
14371 East AVE	Turlock	CA	95380

C. OWNERS

Lemos, Frank S

Legal owner name: Lemos, Frank S

Telephone no.: Landline: ; Cellular: (209) 632-7291

Mailing Address Number and Street	City	State	Zip Code
P.O. Box 3686	Turlock	CA	95381

This owner is responsible for paying permit fees.

Annual Report - General Order No. R5-2007-0035
Reporting period 01/01/2023 to 12/31/2023.

AVAILABLE NUTRIENTS

A. HERD INFORMATION

	Milk Cows	Dry Cows	Bred Heifers (15-24 mo.)	Heifers (7-14 mo. to breeding)	Calves (4-6 mo.)	Calves (0-3 mo.)
Number open confinement	0	70	200	240	75	85
Number under roof	585	0	0	0	0	0
Maximum number	590	75	205	245	80	90
Average number	585	70	200	240	75	85
Avg live weight (lbs)	1,400	1,450	1,100	900		

Predominant milk cow breed: Holstein

Average milk production: 65 *pounds per cow per day*

B. MANURE GENERATED

Total manure excreted by the herd: 20,824.71 *tons per reporting period*

Total nitrogen from manure: 254,416.06 *lbs per reporting period*

After ammonia losses (30% loss applied): 178,091.24 *lbs per reporting period*

Total phosphorus from manure: 41,720.62 *lbs per reporting period*

Total potassium from manure: 110,111.17 *lbs per reporting period*

Total salt from manure: 291,543.75 *lbs per reporting period*

C. PROCESS WASTEWATER GENERATED

Process wastewater generated: 20,120,000 *gallons*

Total nitrogen generated: 53,750.15 *lbs*

Total phosphorus generated: 7,103.35 *lbs*

Total potassium generated: 77,916.43 *lbs*

Total salt generated: 571,265.32 *lbs*

	20,120,000	*gallons applied*
+	0	*gallons exported*
-	0	*gallons imported*
=	20,120,000	*gallons generated*

D. FRESH WATER SOURCES

Source Description	Type
East Avenue Back Well	Ground water
East Avenue Domestic Well	Ground water
East avenue Front Well	Ground water
Morris Ranch Ag Well	Ground water
Morris Ranch Domestic Well	Ground water

E. SUBSURFACE (TILE) DRAINAGE SOURCES

No subsurface (tile) drainage sources entered.

F. NUTRIENT IMPORTS

No dry manure nutrient imports entered.

No process wastewater nutrient imports entered.

No commercial or other nutrient imports entered.

G. NUTRIENT EXPORTS

No solid nutrient exports entered.

No liquid nutrient exports entered.

APPLICATION AREA

A. LIST OF LAND APPLICATION AREAS

Field name	Controlled acres	Cropable acres	Total harvests	Type of waste applied	Parcel number
Field 1	30	30	1	process wastewater	X041-X090-X008-XXXX X041-X090-X011-XXXX
Field 2 -5	67	67	2	process wastewater	X041-X090-X008-XXXX
Field 6-8	85	85	2	process wastewater	X041-X090-X011-XXXX
Morris Ranch	63	63	2	manure	X024-X080-X002-XXXX
Totals for areas that were used for application	245	245	7		
Totals for areas that were not used for application					
Land application area totals	245	245	7		

B. CROPS AND HARVESTS

Field 1

Field name: Field 1

01/01/2023: Irrigated Pasture

Crop: Irrigated Pasture Acres planted: 30 Plant date: 01/01/2023

Harvest date	Yield	Reporting basis	Density (lbs/cu ft)	Moisture (%)	N (mg/kg)	P (mg/kg)	K (mg/kg)	Salt (mg/kg)	TFS (%)
12/31/2023	480.00 *ton*	Dry-weight		26.5	17,200.00	2,500.00	49,000.00		8.90

	Yield (tons/acre)	Total N (lbs/acre)	Total P (lbs/acre)	Total K (lbs/acre)	Salt (lbs/acre)
Anticipated harvest content	16.00	160.00	25.60	132.80	16.00
Total actual harvest content	16.00	404.54	58.80	1,152.48	2,093.28

Field 2 -5

Field name: Field 2 -5

Field 2 -5

10/18/2022: Oats, silage-soft dough

Crop: Oats, silage-soft dough Acres planted: 67 Plant date: 10/18/2022

Harvest date	Yield	Reporting basis	Density (lbs/cu ft)	Moisture (%)	N (mg/kg)	P (mg/kg)	K (mg/kg)	Salt (mg/kg)	TFS (%)
04/20/2023	768.49 *ton*	Dry-weight		72.8	19,200.00	3,850.00	37,400.00		10.10

	Yield (tons/acre)	Total N (lbs/acre)	Total P (lbs/acre)	Total K (lbs/acre)	Salt (lbs/acre)
Anticipated harvest content	16.00	160.00	25.60	132.80	16.00
Total actual harvest content	11.47	119.80	24.02	233.36	630.21

06/02/2023: Corn, silage

Crop: Corn, silage Acres planted: 67 Plant date: 06/02/2023

Harvest date	Yield	Reporting basis	Density (lbs/cu ft)	Moisture (%)	N (mg/kg)	P (mg/kg)	K (mg/kg)	Salt (mg/kg)	TFS (%)
10/01/2023	1,549.04 *ton*	Dry-weight		70.5	14,500.00	1,990.00	14,700.00		7.60

	Yield (tons/acre)	Total N (lbs/acre)	Total P (lbs/acre)	Total K (lbs/acre)	Salt (lbs/acre)
Anticipated harvest content	28.00	224.00	42.00	184.80	28.00
Total actual harvest content	23.12	197.79	27.15	200.52	1,036.70

Field 6-8

Field name: Field 6-8

10/18/2022: Oats, silage-soft dough

Crop: Oats, silage-soft dough Acres planted: 85 Plant date: 10/18/2022

Harvest date	Yield	Reporting basis	Density (lbs/cu ft)	Moisture (%)	N (mg/kg)	P (mg/kg)	K (mg/kg)	Salt (mg/kg)	TFS (%)
04/20/2023	974.95 *ton*	Dry-weight		66.6	16,600.00	3,170.00	33,000.00		9.82

	Yield (tons/acre)	Total N (lbs/acre)	Total P (lbs/acre)	Total K (lbs/acre)	Salt (lbs/acre)
Anticipated harvest content	16.00	160.00	25.60	132.80	16.00
Total actual harvest content	11.47	127.19	24.29	252.84	752.40

Field 6-8

06/02/2023: Corn, silage

Crop: Corn, silage Acres planted: 85 Plant date: 06/02/2023

Harvest date	Yield	Reporting basis	Density (lbs/cu ft)	Moisture (%)	N (mg/kg)	P (mg/kg)	K (mg/kg)	Salt (mg/kg)	TFS (%)
10/01/2023	1,965.20 *ton*	Dry-weight		72.0	15,100.00	2,390.00	22,400.00		9.68

	Yield (tons/acre)	Total N (lbs/acre)	Total P (lbs/acre)	Total K (lbs/acre)	Salt (lbs/acre)
Anticipated harvest content	28.00	224.00	42.00	184.80	28.00
Total actual harvest content	23.12	195.50	30.94	290.02	1,253.29

Morris Ranch

Field name: Morris Ranch

10/18/2022: Oats, silage-soft dough

Crop: Oats, silage-soft dough Acres planted: 63 Plant date: 10/18/2022

Harvest date	Yield	Reporting basis	Density (lbs/cu ft)	Moisture (%)	N (mg/kg)	P (mg/kg)	K (mg/kg)	Salt (mg/kg)	TFS (%)
04/20/2023	722.61 *ton*	Dry-weight		70.4	11,200.00	3,990.00	30,300.00		9.99

	Yield (tons/acre)	Total N (lbs/acre)	Total P (lbs/acre)	Total K (lbs/acre)	Salt (lbs/acre)
Anticipated harvest content	16.00	160.00	25.60	132.80	16.00
Total actual harvest content	11.47	76.05	27.09	205.74	678.34

06/02/2023: Corn, silage

Crop: Corn, silage Acres planted: 63 Plant date: 06/02/2023

Harvest date	Yield	Reporting basis	Density (lbs/cu ft)	Moisture (%)	N (mg/kg)	P (mg/kg)	K (mg/kg)	Salt (mg/kg)	TFS (%)
10/01/2023	1,456.56 *ton*	Dry-weight		70.1	14,800.00	2,110.00	17,300.00		7.30

	Yield (tons/acre)	Total N (lbs/acre)	Total P (lbs/acre)	Total K (lbs/acre)	Salt (lbs/acre)
Anticipated harvest content	28.00	224.00	42.00	184.80	28.00
Total actual harvest content	23.12	204.62	29.17	239.19	1,009.28

NUTRIENT BUDGET

A. LAND APPLICATIONS

Field 1 - 01/01/2023: Irrigated Pasture

Field name: Field 1

Crop: Irrigated Pasture

Plant date: 01/01/2023

Application date	Application method	Precipitation 24 hours prior	Precipitation during application	Precipitation 24 hours following
04/14/2023	Subsurface (irrigation)	No precipitation	No precipitation	No precipitation

Source description	Material type	N (lbs/acre)	P (lbs/acre)	K (lbs/acre)	Salt (lbs/acre)	Amount
East avenue Front Well	Ground water	4.55	0.00	0.00	355.58	2,462,982.56 *gal*
Application event totals		4.55	0.00	0.00	355.58	

Application date	Application method	Precipitation 24 hours prior	Precipitation during application	Precipitation 24 hours following
04/28/2023	Subsurface (irrigation)	No precipitation	No precipitation	No precipitation

Source description	Material type	N (lbs/acre)	P (lbs/acre)	K (lbs/acre)	Salt (lbs/acre)	Amount
Lagoon Application	Process wastewater	43.81	6.78	49.07	502.37	420,000.00 *gal*
East avenue Front Well	Ground water	4.55	0.00	0.00	355.58	2,462,982.56 *gal*
Application event totals		48.36	6.78	49.07	857.95	

Application date	Application method	Precipitation 24 hours prior	Precipitation during application	Precipitation 24 hours following
05/12/2023	Subsurface (irrigation)	No precipitation	No precipitation	No precipitation

Source description	Material type	N (lbs/acre)	P (lbs/acre)	K (lbs/acre)	Salt (lbs/acre)	Amount
East avenue Front Well	Ground water	4.55	0.00	0.00	355.58	2,462,982.56 *gal*
Application event totals		4.55	0.00	0.00	355.58	

Application date	Application method	Precipitation 24 hours prior	Precipitation during application	Precipitation 24 hours following
05/27/2023	Subsurface (irrigation)	No precipitation	No precipitation	No precipitation

Source description	Material type	N (lbs/acre)	P (lbs/acre)	K (lbs/acre)	Salt (lbs/acre)	Amount
Lagoon Application	Process wastewater	50.07	7.74	56.08	574.14	480,000.00 *gal*
East avenue Front Well	Ground water	4.55	0.00	0.00	355.58	2,462,982.56 *gal*
Application event totals		54.62	7.74	56.08	929.71	

Field 1 - 01/01/2023: Irrigated Pasture

Application date	Application method	Precipitation 24 hours prior	Precipitation during application	Precipitation 24 hours following
06/09/2023	Subsurface (irrigation)	No precipitation	No precipitation	No precipitation

Source description	Material type	N (lbs/acre)	P (lbs/acre)	K (lbs/acre)	Salt (lbs/acre)	Amount
Lagoon Application	Process wastewater	18.44	2.14	30.13	191.94	300,000.00 *gal*
East avenue Front Well	Ground water	4.55	0.00	0.00	355.58	2,462,982.56 *gal*
Application event totals		22.99	2.14	30.13	547.51	

Application date	Application method	Precipitation 24 hours prior	Precipitation during application	Precipitation 24 hours following
06/23/2023	Subsurface (irrigation)	No precipitation	No precipitation	No precipitation

Source description	Material type	N (lbs/acre)	P (lbs/acre)	K (lbs/acre)	Salt (lbs/acre)	Amount
East avenue Front Well	Ground water	4.55	0.00	0.00	355.58	2,462,982.56 *gal*
Application event totals		4.55	0.00	0.00	355.58	

Application date	Application method	Precipitation 24 hours prior	Precipitation during application	Precipitation 24 hours following
07/07/2023	Subsurface (irrigation)	No precipitation	No precipitation	No precipitation

Source description	Material type	N (lbs/acre)	P (lbs/acre)	K (lbs/acre)	Salt (lbs/acre)	Amount
East avenue Front Well	Ground water	4.55	0.00	0.00	355.58	2,462,982.56 *gal*
Application event totals		4.55	0.00	0.00	355.58	

Application date	Application method	Precipitation 24 hours prior	Precipitation during application	Precipitation 24 hours following
07/21/2023	Subsurface (irrigation)	No precipitation	No precipitation	No precipitation

Source description	Material type	N (lbs/acre)	P (lbs/acre)	K (lbs/acre)	Salt (lbs/acre)	Amount
East avenue Front Well	Ground water	4.55	0.00	0.00	355.58	2,462,982.56 *gal*
Application event totals		4.55	0.00	0.00	355.58	

Application date	Application method	Precipitation 24 hours prior	Precipitation during application	Precipitation 24 hours following
08/04/2023	Subsurface (irrigation)	No precipitation	No precipitation	No precipitation

Source description	Material type	N (lbs/acre)	P (lbs/acre)	K (lbs/acre)	Salt (lbs/acre)	Amount
East avenue Front Well	Ground water	4.55	0.00	0.00	355.58	2,462,982.56 *gal*
Application event totals		4.55	0.00	0.00	355.58	

Application date	Application method	Precipitation 24 hours prior	Precipitation during application	Precipitation 24 hours following
08/15/2023	Subsurface (irrigation)	No precipitation	No precipitation	No precipitation

Source description	Material type	N (lbs/acre)	P (lbs/acre)	K (lbs/acre)	Salt (lbs/acre)	Amount
East avenue Front Well	Ground water	4.55	0.00	0.00	355.58	2,462,982.56 *gal*
Application event totals		4.55	0.00	0.00	355.58	

Field 1 - 01/01/2023: Irrigated Pasture

Application date	Application method	Precipitation 24 hours prior	Precipitation during application	Precipitation 24 hours following
09/01/2023	Subsurface (irrigation)	No precipitation	No precipitation	No precipitation

Source description	Material type	N (lbs/acre)	P (lbs/acre)	K (lbs/acre)	Salt (lbs/acre)	Amount
East avenue Front Well	Ground water	4.55	0.00	0.00	355.58	2,462,982.56 *gal*
Application event totals		4.55	0.00	0.00	355.58	

Application date	Application method	Precipitation 24 hours prior	Precipitation during application	Precipitation 24 hours following
09/15/2023	Subsurface (irrigation)	No precipitation	No precipitation	No precipitation

Source description	Material type	N (lbs/acre)	P (lbs/acre)	K (lbs/acre)	Salt (lbs/acre)	Amount
Lagoon Application	Process wastewater	17.21	2.00	28.12	179.14	280,000.00 *gal*
East avenue Front Well	Ground water	4.55	0.00	0.00	355.58	2,462,982.56 *gal*
Application event totals		21.76	2.00	28.12	534.72	

Application date	Application method	Precipitation 24 hours prior	Precipitation during application	Precipitation 24 hours following
09/29/2023	Subsurface (irrigation)	No precipitation	No precipitation	No precipitation

Source description	Material type	N (lbs/acre)	P (lbs/acre)	K (lbs/acre)	Salt (lbs/acre)	Amount
East avenue Front Well	Ground water	4.55	0.00	0.00	355.58	2,462,982.56 *gal*
Application event totals		4.55	0.00	0.00	355.58	

Application date	Application method	Precipitation 24 hours prior	Precipitation during application	Precipitation 24 hours following
10/12/2023	Subsurface (irrigation)	No precipitation	No precipitation	No precipitation

Source description	Material type	N (lbs/acre)	P (lbs/acre)	K (lbs/acre)	Salt (lbs/acre)	Amount
East avenue Front Well	Ground water	4.55	0.00	0.00	355.58	2,462,982.56 *gal*
Application event totals		4.55	0.00	0.00	355.58	

Field 2 -5 - 10/18/2022: Oats, silage-soft dough

Field name: Field 2 -5

Crop: Oats, silage-soft dough

Plant date: 10/18/2022

Application date	Application method	Precipitation 24 hours prior	Precipitation during application	Precipitation 24 hours following
10/12/2022	Pipeline	No precipitation	No precipitation	No precipitation

Source description	Material type	N (lbs/acre)	P (lbs/acre)	K (lbs/acre)	Salt (lbs/acre)	Amount
Lagoon Application	Process wastewater	99.09	11.08	130.18	1,010.37	1,560,000.00 *gal*
Application event totals		99.09	11.08	130.18	1,010.37	

Field 2 -5 - 10/18/2022: Oats, silage-soft dough

Application date	Application method	Precipitation 24 hours prior	Precipitation during application	Precipitation 24 hours following
03/08/2023	Pipeline	No precipitation	No precipitation	No precipitation

Source description	Material type	N (lbs/acre)	P (lbs/acre)	K (lbs/acre)	Salt (lbs/acre)	Amount
Lagoon Application	Process wastewater	56.50	9.28	98.87	591.87	1,080,000.00 *gal*
Application event totals		56.50	9.28	98.87	591.87	

Field 2 -5 - 06/02/2023: Corn, silage

Field name: Field 2 -5

Crop: Corn, silage

Plant date: 06/02/2023

Application date	Application method	Precipitation 24 hours prior	Precipitation during application	Precipitation 24 hours following
05/19/2023	Subsurface (irrigation)	No precipitation	No precipitation	No precipitation

Source description	Material type	N (lbs/acre)	P (lbs/acre)	K (lbs/acre)	Salt (lbs/acre)	Amount
Lagoon Application	Process wastewater	67.26	10.40	75.33	771.23	1,440,000.00 *gal*
East avenue Front Well	Ground water	7.46	0.00	0.00	583.17	9,021,474.60 *gal*
Application event totals		74.72	10.40	75.33	1,354.40	

06/19/2023	Subsurface (irrigation)	No precipitation	No precipitation	No precipitation

Source description	Material type	N (lbs/acre)	P (lbs/acre)	K (lbs/acre)	Salt (lbs/acre)	Amount
East avenue Front Well	Ground water	7.42	0.00	0.00	579.75	8,968,574.30 *gal*
Application event totals		7.42	0.00	0.00	579.75	

07/10/2023	Subsurface (irrigation)	No precipitation	No precipitation	No precipitation

Source description	Material type	N (lbs/acre)	P (lbs/acre)	K (lbs/acre)	Salt (lbs/acre)	Amount
Lagoon Application	Process wastewater	33.03	3.84	53.96	343.76	1,200,000.00 *gal*
East avenue Front Well	Ground water	7.37	0.00	0.00	575.74	8,906,575.82 *gal*
Application event totals		40.40	3.84	53.96	919.51	

Field 2 -5 - 06/02/2023: Corn, silage

Application date	Application method	Precipitation 24 hours prior	Precipitation during application	Precipitation 24 hours following
07/31/2023	Subsurface (irrigation)	No precipitation	No precipitation	No precipitation

Source description	Material type	N (lbs/acre)	P (lbs/acre)	K (lbs/acre)	Salt (lbs/acre)	Amount
Lagoon Application	Process wastewater	33.03	3.84	53.96	343.76	1,200,000.00 *gal*
East avenue Front Well	Ground water	7.43	0.00	0.00	580.43	8,978,987.40 *gal*
Application event totals		40.46	3.84	53.96	924.19	

Application date	Application method	Precipitation 24 hours prior	Precipitation during application	Precipitation 24 hours following
08/21/2023	Subsurface (irrigation)	No precipitation	No precipitation	No precipitation

Source description	Material type	N (lbs/acre)	P (lbs/acre)	K (lbs/acre)	Salt (lbs/acre)	Amount
Lagoon Application	Process wastewater	39.64	4.61	64.75	412.52	1,440,000.00 *gal*
East avenue Front Well	Ground water	7.32	0.00	0.00	572.25	8,852,585.40 *gal*
Application event totals		46.96	4.61	64.75	984.77	

Application date	Application method	Precipitation 24 hours prior	Precipitation during application	Precipitation 24 hours following
09/04/2023	Subsurface (irrigation)	No precipitation	No precipitation	No precipitation

Source description	Material type	N (lbs/acre)	P (lbs/acre)	K (lbs/acre)	Salt (lbs/acre)	Amount
Lagoon Application	Process wastewater	24.77	2.88	40.47	257.82	900,000.00 *gal*
East avenue Front Well	Ground water	7.27	0.00	0.00	568.07	8,787,875.60 *gal*
Application event totals		32.04	2.88	40.47	825.89	

Field 6-8 - 10/18/2022: Oats, silage-soft dough

Field name: Field 6-8

Crop: Oats, silage-soft dough

Plant date: 10/18/2022

Application date	Application method	Precipitation 24 hours prior	Precipitation during application	Precipitation 24 hours following
10/12/2022	Pipeline	No precipitation	No precipitation	No precipitation

Source description	Material type	N (lbs/acre)	P (lbs/acre)	K (lbs/acre)	Salt (lbs/acre)	Amount
Lagoon Application	Process wastewater	72.10	8.06	94.72	735.15	1,440,000.00 *gal*
Application event totals		72.10	8.06	94.72	735.15	

Field 6-8 - 10/18/2022: Oats, silage-soft dough

Application date	Application method	Precipitation 24 hours prior	Precipitation during application	Precipitation 24 hours following
03/08/2023	Pipeline	No precipitation	No precipitation	No precipitation

Source description	Material type	N (lbs/acre)	P (lbs/acre)	K (lbs/acre)	Salt (lbs/acre)	Amount
Lagoon Application	Process wastewater	54.43	8.94	95.25	570.21	1,320,000.00 *gal*
Application event totals		54.43	8.94	95.25	570.21	

Field 6-8 - 06/02/2023: Corn, silage

Field name: Field 6-8

Crop: Corn, silage

Plant date: 06/02/2023

Application date	Application method	Precipitation 24 hours prior	Precipitation during application	Precipitation 24 hours following
05/22/2023	Subsurface (irrigation)	No precipitation	No precipitation	No precipitation

Source description	Material type	N (lbs/acre)	P (lbs/acre)	K (lbs/acre)	Salt (lbs/acre)	Amount
Lagoon Application	Process wastewater	69.21	10.71	77.52	793.66	1,880,000.00 *gal*
East Avenue Back Well	Ground water	7.31	0.00	0.00	397.86	10,498,758.50 *gal*
Application event totals		76.52	10.71	77.52	1,191.52	

06/19/2023	Subsurface (irrigation)	No precipitation	No precipitation	No precipitation

Source description	Material type	N (lbs/acre)	P (lbs/acre)	K (lbs/acre)	Salt (lbs/acre)	Amount
East Avenue Back Well	Ground water	6.97	0.00	0.00	379.67	10,018,579.60 *gal*
Application event totals		6.97	0.00	0.00	379.67	

07/10/2023	Subsurface (irrigation)	No precipitation	No precipitation	No precipitation

Source description	Material type	N (lbs/acre)	P (lbs/acre)	K (lbs/acre)	Salt (lbs/acre)	Amount
Lagoon Application	Process wastewater	29.07	3.38	47.49	302.58	1,340,000.00 *gal*
East Avenue Back Well	Ground water	7.28	0.00	0.00	396.15	10,453,695.70 *gal*
Application event totals		36.35	3.38	47.49	698.73	

Field 6-8 - 06/02/2023: Corn, silage

Application date	Application method	Precipitation 24 hours prior	Precipitation during application	Precipitation 24 hours following
07/31/2023	Subsurface (irrigation)	No precipitation	No precipitation	No precipitation

Source description	Material type	N (lbs/acre)	P (lbs/acre)	K (lbs/acre)	Salt (lbs/acre)	Amount
Lagoon Application	Process wastewater	31.24	3.63	51.04	325.16	1,440,000.00 *gal*
East Avenue Back Well	Ground water	7.44	0.00	0.00	404.90	10,684,569.50 *gal*
Application event totals		38.68	3.63	51.04	730.06	

Application date	Application method	Precipitation 24 hours prior	Precipitation during application	Precipitation 24 hours following
08/21/2023	Subsurface (irrigation)	No precipitation	No precipitation	No precipitation

Source description	Material type	N (lbs/acre)	P (lbs/acre)	K (lbs/acre)	Salt (lbs/acre)	Amount
Lagoon Application	Process wastewater	28.64	3.33	46.78	298.06	1,320,000.00 *gal*
East Avenue Back Well	Ground water	6.94	0.00	0.00	377.59	9,963,897.40 *gal*
Application event totals		35.58	3.33	46.78	675.66	

Application date	Application method	Precipitation 24 hours prior	Precipitation during application	Precipitation 24 hours following
09/04/2023	Subsurface (irrigation)	No precipitation	No precipitation	No precipitation

Source description	Material type	N (lbs/acre)	P (lbs/acre)	K (lbs/acre)	Salt (lbs/acre)	Amount
Lagoon Application	Process wastewater	23.43	2.72	38.28	243.87	1,080,000.00 *gal*
East Avenue Back Well	Ground water	6.79	0.00	0.00	369.85	9,759,693.20 *gal*
Application event totals		30.23	2.72	38.28	613.72	

Morris Ranch - 10/18/2022: Oats, silage-soft dough

Field name: Morris Ranch

Crop: Oats, silage-soft dough

Plant date: 10/18/2022

Application date	Application method	Precipitation 24 hours prior	Precipitation during application	Precipitation 24 hours following
10/05/2022	Broadcast/incorporate	No precipitation	No precipitation	No precipitation

Source description	Material type	N (lbs/acre)	P (lbs/acre)	K (lbs/acre)	Salt (lbs/acre)	Amount
Spread Solid Manure	Scraped material	83.75	27.53	39.41	999.73	280.00 *ton*
Application event totals		83.75	27.53	39.41	999.73	

Morris Ranch - 06/02/2023: Corn, silage

Morris Ranch - 06/02/2023: Corn, silage

Field name: Morris Ranch

Crop: Corn, silage

Plant date: 06/02/2023

Application date	Application method	Precipitation 24 hours prior	Precipitation during application	Precipitation 24 hours following
05/19/2023	Broadcast/incorporate	No precipitation	No precipitation	No precipitation

Source description	Material type	N (lbs/acre)	P (lbs/acre)	K (lbs/acre)	Salt (lbs/acre)	Amount
Spread Solid Manure	Corral solids	138.13	69.44	35.84	4,420.27	480.00 *ton*
Application event totals		138.13	69.44	35.84	4,420.27	

Application date	Application method	Precipitation 24 hours prior	Precipitation during application	Precipitation 24 hours following
05/22/2023	Subsurface (irrigation)	No precipitation	No precipitation	No precipitation

Source description	Material type	N (lbs/acre)	P (lbs/acre)	K (lbs/acre)	Salt (lbs/acre)	Amount
Morris Ranch Ag Well	Ground water	3.55	0.00	0.00	717.47	8,294,768.50 *gal*
Application event totals		3.55	0.00	0.00	717.47	

Application date	Application method	Precipitation 24 hours prior	Precipitation during application	Precipitation 24 hours following
06/19/2023	Subsurface (irrigation)	No precipitation	No precipitation	No precipitation

Source description	Material type	N (lbs/acre)	P (lbs/acre)	K (lbs/acre)	Salt (lbs/acre)	Amount
Morris Ranch Ag Well	Ground water	3.44	0.00	0.00	695.94	8,045,879.60 *gal*
Application event totals		3.44	0.00	0.00	695.94	

Application date	Application method	Precipitation 24 hours prior	Precipitation during application	Precipitation 24 hours following
07/10/2023	Subsurface (irrigation)	No precipitation	No precipitation	No precipitation

Source description	Material type	N (lbs/acre)	P (lbs/acre)	K (lbs/acre)	Salt (lbs/acre)	Amount
Morris Ranch Ag Well	Ground water	3.30	0.00	0.00	666.44	7,704,818.50 *gal*
Application event totals		3.30	0.00	0.00	666.44	

Application date	Application method	Precipitation 24 hours prior	Precipitation during application	Precipitation 24 hours following
07/31/2023	Subsurface (irrigation)	No precipitation	No precipitation	No precipitation

Source description	Material type	N (lbs/acre)	P (lbs/acre)	K (lbs/acre)	Salt (lbs/acre)	Amount
Morris Ranch Ag Well	Ground water	3.34	0.00	0.00	674.31	7,795,806.30 *gal*
Application event totals		3.34	0.00	0.00	674.31	

Application date	Application method	Precipitation 24 hours prior	Precipitation during application	Precipitation 24 hours following
08/21/2023	Subsurface (irrigation)	No precipitation	No precipitation	No precipitation

Source description	Material type	N (lbs/acre)	P (lbs/acre)	K (lbs/acre)	Salt (lbs/acre)	Amount
Morris Ranch Ag Well	Ground water	3.42	0.00	0.00	690.99	7,988,685.40 *gal*
Application event totals		3.42	0.00	0.00	690.99	

Morris Ranch - 06/02/2023: Corn, silage

Application date	Application method	Precipitation 24 hours prior	Precipitation during application	Precipitation 24 hours following
09/04/2023	Subsurface (irrigation)	No precipitation	No precipitation	No precipitation

Source description	Material type	N (lbs/acre)	P (lbs/acre)	K (lbs/acre)	Salt (lbs/acre)	Amount
Morris Ranch Ag Well	Ground water	3.22	0.00	0.00	650.79	7,523,854.20 *gal*
Application event totals		3.22	0.00	0.00	650.79	

B. NUTRIENT BUDGET

Field 1 - 01/01/2023: Irrigated Pasture

Field name: Field 1 Crop: Irrigated Pasture Plant date: 01/01/2023

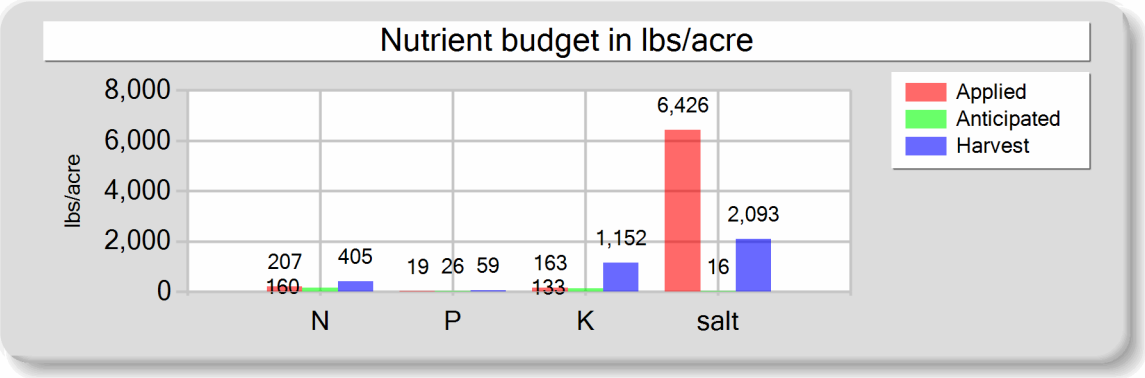

	Total N (lbs/acre)	Total P (lbs/acre)	Total K (lbs/acre)	Total salt (lbs/acre)
Existing soil nutrient content	0.00	0.00	0.00	0.00
Plowdown credit	0.00	0.00	0.00	0.00
Commercial fertilizer / Other	0.00	0.00	0.00	0.00
Dry manure	0.00	0.00	0.00	0.00
Process wastewater	129.54	18.67	163.39	1,447.58
Fresh water	63.69	0.00	0.00	4,978.08
Atmospheric deposition	14.00	0.00	0.00	0.00
Total nutrients applied	207.23	18.67	163.39	6,425.66
Anticipated crop nutrient removal	160.00	25.60	132.80	16.00
Actual crop nutrient removal	404.54	58.80	1,152.48	2,093.28
Nutrient balance	-197.32	-40.13	-989.09	4,332.38
Applied to removed ratio	0.51	0.32	0.14	3.07

Fresh water applied	
34,481,755.84	*gallons*
1,269.85	*acre-inches*
42.33	*inches/acre*

Process wastewater applied	
1,480,000.00	*gallons*
54.50	*acre-inches*
1.82	*inches/acre*

Total harvests for the crop	
1	*harvests*

Field 2 -5 - 10/18/2022: Oats, silage-soft dough

Field name: Field 2 -5 Crop: Oats, silage-soft dough Plant date: 10/18/2022

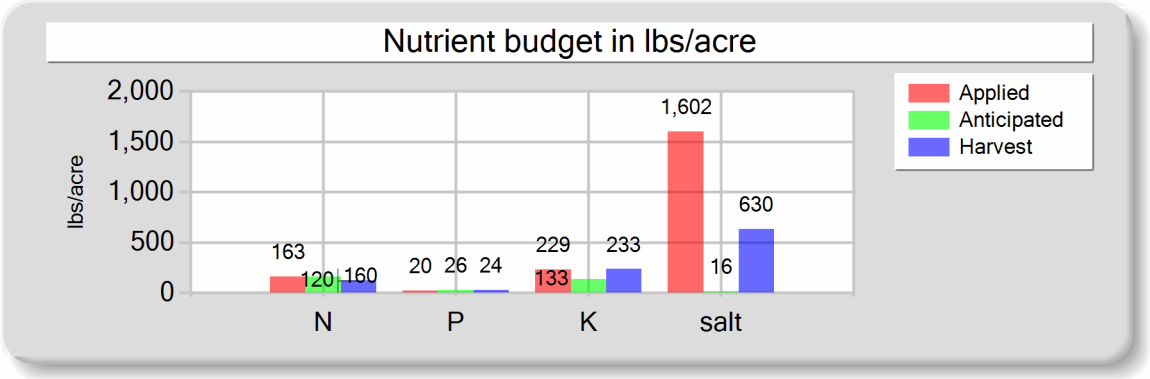

	Total N (lbs/acre)	Total P (lbs/acre)	Total K (lbs/acre)	Total salt (lbs/acre)
Existing soil nutrient content	0.00	0.00	0.00	0.00
Plowdown credit	0.00	0.00	0.00	0.00
Commercial fertilizer / Other	0.00	0.00	0.00	0.00
Dry manure	0.00	0.00	0.00	0.00
Process wastewater	155.59	20.36	229.05	1,602.24
Fresh water	0.00	0.00	0.00	0.00
Atmospheric deposition	7.00	0.00	0.00	0.00
Total nutrients applied	162.59	20.36	229.05	1,602.24
Anticipated crop nutrient removal	160.00	25.60	132.80	16.00
Actual crop nutrient removal	119.80	24.02	233.36	630.21
Nutrient balance	42.79	-3.67	-4.31	972.03
Applied to removed ratio	1.36	0.85	0.98	2.54

Fresh water applied	
0.00	*gallons*
0.00	*acre-inches*
0.00	*inches/acre*

Process wastewater applied	
2,640,000.00	*gallons*
97.22	*acre-inches*
1.45	*inches/acre*

Total harvests for the crop	
1	*harvests*

Field 2 -5 - 06/02/2023: Corn, silage

Field name: Field 2 -5 Crop: Corn, silage Plant date: 06/02/2023

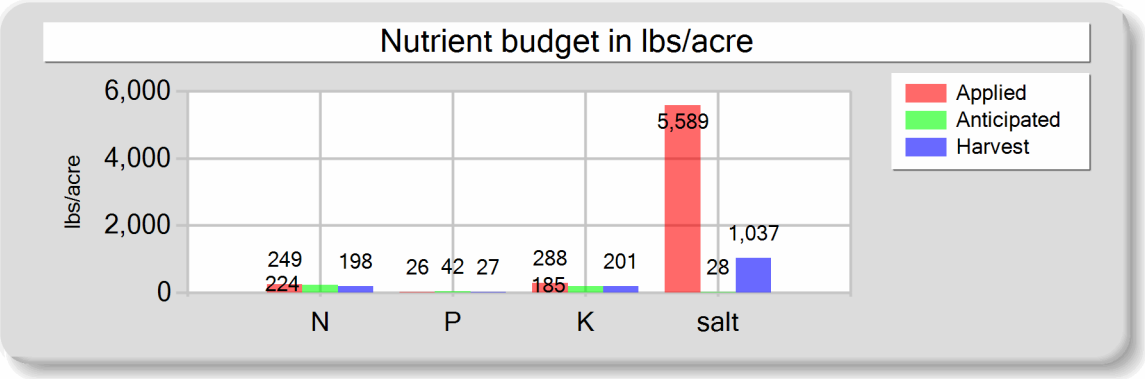

	Total N (lbs/acre)	Total P (lbs/acre)	Total K (lbs/acre)	Total salt (lbs/acre)
Existing soil nutrient content	0.00	0.00	0.00	0.00
Plowdown credit	0.00	0.00	0.00	0.00
Commercial fertilizer / Other	0.00	0.00	0.00	0.00
Dry manure	0.00	0.00	0.00	0.00
Process wastewater	197.73	25.58	288.46	2,129.10
Fresh water	44.26	0.00	0.00	3,459.42
Atmospheric deposition	7.00	0.00	0.00	0.00
Total nutrients applied	248.99	25.58	288.46	5,588.51
Anticipated crop nutrient removal	224.00	42.00	184.80	28.00
Actual crop nutrient removal	197.79	27.15	200.52	1,036.70
Nutrient balance	51.20	-1.57	87.94	4,551.81
Applied to removed ratio	1.26	0.94	1.44	5.39

Fresh water applied	
53,516,073.12	*gallons*
1,970.81	*acre-inches*
29.42	*inches/acre*

Process wastewater applied	
6,180,000.00	*gallons*
227.59	*acre-inches*
3.40	*inches/acre*

Total harvests for the crop	
1	*harvests*

Field 6-8 - 10/18/2022: Oats, silage-soft dough

Field name: Field 6-8 Crop: Oats, silage-soft dough Plant date: 10/18/2022

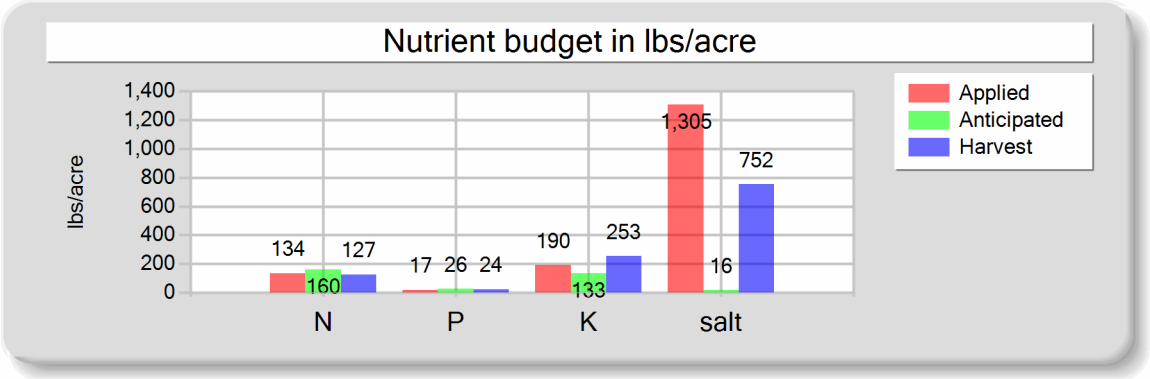

	Total N (lbs/acre)	Total P (lbs/acre)	Total K (lbs/acre)	Total salt (lbs/acre)
Existing soil nutrient content	0.00	0.00	0.00	0.00
Plowdown credit	0.00	0.00	0.00	0.00
Commercial fertilizer / Other	0.00	0.00	0.00	0.00
Dry manure	0.00	0.00	0.00	0.00
Process wastewater	126.53	17.00	189.97	1,305.35
Fresh water	0.00	0.00	0.00	0.00
Atmospheric deposition	7.00	0.00	0.00	0.00
Total nutrients applied	133.53	17.00	189.97	1,305.35
Anticipated crop nutrient removal	160.00	25.60	132.80	16.00
Actual crop nutrient removal	127.19	24.29	252.84	752.40
Nutrient balance	6.34	-7.29	-62.87	552.95
Applied to removed ratio	1.05	0.70	0.75	1.73

Fresh water applied
0.00 *gallons*
0.00 *acre-inches*
0.00 *inches/acre*

Process wastewater applied
2,760,000.00 *gallons*
101.64 *acre-inches*
1.20 *inches/acre*

Total harvests for the crop
1 *harvests*

Field 6-8 - 06/02/2023: Corn, silage

Field name: Field 6-8 Crop: Corn, silage Plant date: 06/02/2023

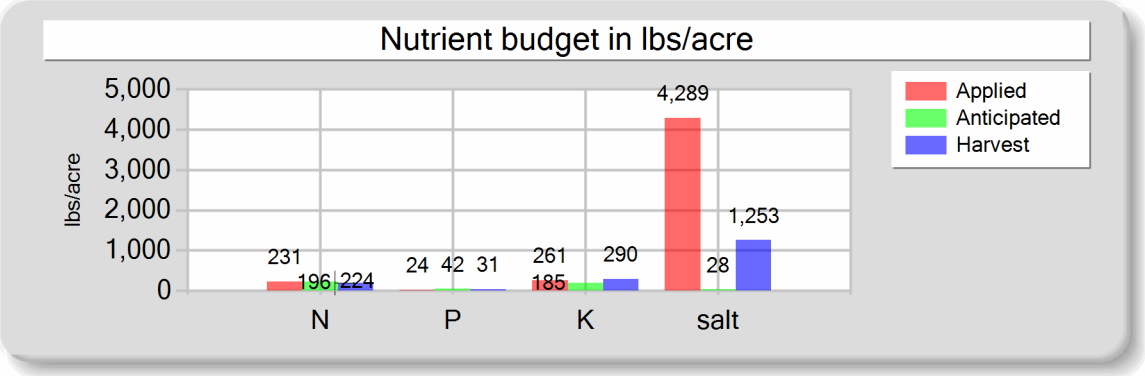

	Total N (lbs/acre)	Total P (lbs/acre)	Total K (lbs/acre)	Total salt (lbs/acre)
Existing soil nutrient content	0.00	0.00	0.00	0.00
Plowdown credit	0.00	0.00	0.00	0.00
Commercial fertilizer / Other	0.00	0.00	0.00	0.00
Dry manure	0.00	0.00	0.00	0.00
Process wastewater	181.60	23.78	261.11	1,963.33
Fresh water	42.72	0.00	0.00	2,326.03
Atmospheric deposition	7.00	0.00	0.00	0.00
Total nutrients applied	231.33	23.78	261.11	4,289.37
Anticipated crop nutrient removal	224.00	42.00	184.80	28.00
Actual crop nutrient removal	195.50	30.94	290.02	1,253.29
Nutrient balance	35.83	-7.17	-28.91	3,036.08
Applied to removed ratio	1.18	0.77	0.90	3.42

Fresh water applied	
61,379,193.90	*gallons*
2,260.39	*acre-inches*
26.59	*inches/acre*

Process wastewater applied	
7,060,000.00	*gallons*
260.00	*acre-inches*
3.06	*inches/acre*

Total harvests for the crop	
1	*harvests*

Morris Ranch - 10/18/2022: Oats, silage-soft dough

Field name: Morris Ranch Crop: Oats, silage-soft dough Plant date: 10/18/2022

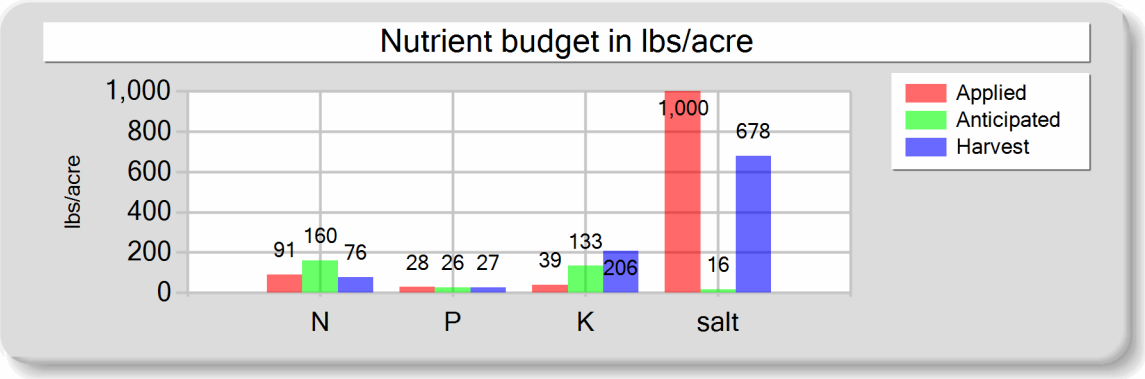

	Total N (lbs/acre)	Total P (lbs/acre)	Total K (lbs/acre)	Total salt (lbs/acre)
Existing soil nutrient content	0.00	0.00	0.00	0.00
Plowdown credit	0.00	0.00	0.00	0.00
Commercial fertilizer / Other	0.00	0.00	0.00	0.00
Dry manure	83.75	27.53	39.41	999.73
Process wastewater	0.00	0.00	0.00	0.00
Fresh water	0.00	0.00	0.00	0.00
Atmospheric deposition	7.00	0.00	0.00	0.00
Total nutrients applied	90.75	27.53	39.41	999.73
Anticipated crop nutrient removal	160.00	25.60	132.80	16.00
Actual crop nutrient removal	76.05	27.09	205.74	678.34
Nutrient balance	14.70	0.44	-166.33	321.39
Applied to removed ratio	1.19	1.02	0.19	1.47

Fresh water applied
0.00 *gallons*
0.00 *acre-inches*
0.00 *inches/acre*

Process wastewater applied
0.00 *gallons*
0.00 *acre-inches*
0.00 *inches/acre*

Total harvests for the crop
1 *harvests*

Morris Ranch - 06/02/2023: Corn, silage

Field name: Morris Ranch Crop: Corn, silage Plant date: 06/02/2023

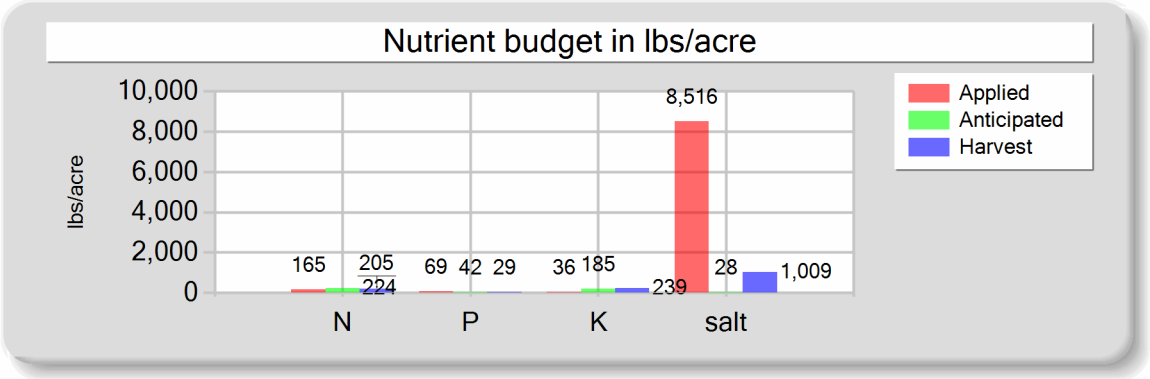

	Total N (lbs/acre)	Total P (lbs/acre)	Total K (lbs/acre)	Total salt (lbs/acre)
Existing soil nutrient content	0.00	0.00	0.00	0.00
Plowdown credit	0.00	0.00	0.00	0.00
Commercial fertilizer / Other	0.00	0.00	0.00	0.00
Dry manure	138.13	69.44	35.84	4,420.27
Process wastewater	0.00	0.00	0.00	0.00
Fresh water	20.26	0.00	0.00	4,095.94
Atmospheric deposition	7.00	0.00	0.00	0.00
Total nutrients applied	165.39	69.44	35.84	8,516.21
Anticipated crop nutrient removal	224.00	42.00	184.80	28.00
Actual crop nutrient removal	204.62	29.17	239.19	1,009.28
Nutrient balance	-39.23	40.27	-203.35	7,506.93
Applied to removed ratio	0.81	2.38	0.15	8.44

Fresh water applied	
47,353,812.50	*gallons*
1,743.88	*acre-inches*
27.68	*inches/acre*

Process wastewater applied	
0.00	*gallons*
0.00	*acre-inches*
0.00	*inches/acre*

Total harvests for the crop	
1	*harvests*

NUTRIENT ANALYSES

A. MANURE ANALYSES

Spring Manure

Sample and source description: Spring Manure

Sample date: 04/26/2023 Material type: Corral solids Source of analysis: Lab analysis Method of reporting: Dry-weight

Moisture: 51.0 %

	Total N (mg/kg)	Total P (mg/kg)	Total K (mg/kg)	Calcium (mg/kg)	Magnesium (mg/kg)	Sodium (mg/kg)	Sulfur (mg/kg)	Chloride (mg/kg)	Total salt (mg/kg)	TFS (%)
Value	18,500.00	9,300.00	4,800.00							59.20
DL	0.01	0.01	0.01							1.00

Fall Manure

Sample and source description: Fall Manure

Sample date: 10/06/2023 Material type: Scraped material Source of analysis: Lab analysis Method of reporting: Dry-weight

Moisture: 67.4 %

	Total N (mg/kg)	Total P (mg/kg)	Total K (mg/kg)	Calcium (mg/kg)	Magnesium (mg/kg)	Sodium (mg/kg)	Sulfur (mg/kg)	Chloride (mg/kg)	Total salt (mg/kg)	TFS (%)
Value	28,900.00	9,500.00	13,600.00							34.50
DL	0.01	0.01	0.01							1.00

B. PROCESS WASTEWATER ANALYSES

1st Quarter Sample

Sample and source description: 1st Quarter Sample

Sample date: 02/28/2023 Material type: Process wastewater Source of analysis: Lab analysis pH:

	Kjeldahl-N (mg/L)	NH4-N (mg/L)	NH3-N (mg/L)	Nitrate-N (mg/L)	Total P (mg/L)	Total K (mg/L)	Calcium (mg/L)	Magnes. (mg/L)	Sodium (mg/L)	Bicarb. (mg/L)	Carb. (mg/L)	Sulfate (mg/L)	Chloride (mg/L)	EC (µmhos/cm)	TDS (mg/L)
Value	420.00	277.00	0.00	0.00	69.00	735.00								6,450.00	4,400
DL	0.01	0.01	0.01	0.01	0.01	0.01								0.01	1

2nd Quarter Lagoon

Sample and source description: 2nd Quarter Lagoon

Sample date: 05/25/2023 Material type: Process wastewater Source of analysis: Lab analysis pH:

	Kjeldahl-N (mg/L)	NH4-N (mg/L)	NH3-N (mg/L)	Nitrate-N (mg/L)	Total P (mg/L)	Total K (mg/L)	Calcium (mg/L)	Magnes. (mg/L)	Sodium (mg/L)	Bicarb. (mg/L)	Carb. (mg/L)	Sulfate (mg/L)	Chloride (mg/L)	EC (µmhos/cm)	TDS (mg/L)
Value	375.00	245.00	0.00	0.00	58.00	420.00								5,200.00	4,300
DL	0.01	0.01	0.01	0.01	0.01	0.01								0.01	1

3rd Quarter Lagoon

Sample and source description: 3rd Quarter Lagoon

Sample date: 07/26/2023 Material type: Process wastewater Source of analysis: Lab analysis pH:

	Kjeldahl-N (mg/L)	NH4-N (mg/L)	NH3-N (mg/L)	Nitrate-N (mg/L)	Total P (mg/L)	Total K (mg/L)	Calcium (mg/L)	Magnes. (mg/L)	Sodium (mg/L)	Bicarb. (mg/L)	Carb. (mg/L)	Sulfate (mg/L)	Chloride (mg/L)	EC (µmhos/cm)	TDS (mg/L)
Value	221.00	185.00	0.00	0.00	25.70	361.00								3,890.00	2,300
DL	0.01	0.01	0.01	0.01	0.01	0.01								0.01	1

4th Quarter Lagoon

Sample and source description: 4th Quarter Lagoon

Sample date: 12/12/2023 Material type: Process wastewater Source of analysis: Lab analysis pH:

	Kjeldahl-N (mg/L)	NH4-N (mg/L)	NH3-N (mg/L)	Nitrate-N (mg/L)	Total P (mg/L)	Total K (mg/L)	Calcium (mg/L)	Magnes. (mg/L)	Sodium (mg/L)	Bicarb. (mg/L)	Carb. (mg/L)	Sulfate (mg/L)	Chloride (mg/L)	EC (µmhos/cm)	TDS (mg/L)
Value	510.00	360.00	0.00	0.00	57.00	670.00								7,500.00	5,200
DL	0.01	0.01	0.01	0.01	0.01	0.01								0.01	1

C. FRESH WATER ANALYSES

No irrigation water analyses entered.

D. SOIL ANALYSES

No soil analyses entered.

E. PLANT TISSUE ANALYSES

Field 2 -5 - 10/18/2022: Oats, silage-soft dough

Field 2 -5 - 10/18/2022: Oats, silage-soft dough

Winter Forage

Sample and source description: Winter Forage

Sample date: 04/26/2023 Source of analysis: Lab analysis Method of reporting: Dry-weight

Moisture: 72.8 %

	Total N (mg/kg)	Total P (mg/kg)	Total K (mg/kg)	Total salt (mg/kg)	TFS (%)
Value	19,200.00	3,850.00	37,400.00		10.10
DL	0.01	0.01	0.01		1.00

Field 2 -5 - 06/02/2023: Corn, silage

Corn Silage

Sample and source description: Corn Silage

Sample date: 10/06/2023 Source of analysis: Lab analysis Method of reporting: Dry-weight

Moisture: 70.5 %

	Total N (mg/kg)	Total P (mg/kg)	Total K (mg/kg)	Total salt (mg/kg)	TFS (%)
Value	14,500.00	1,990.00	14,700.00		7.60
DL	0.01	0.01	0.01		1.00

Corn Silage

Sample and source description: Corn Silage

Sample date: 10/06/2023 Source of analysis: Lab analysis Method of reporting: Dry-weight

Moisture: 71.0 %

	Total N (mg/kg)	Total P (mg/kg)	Total K (mg/kg)	Total salt (mg/kg)	TFS (%)
Value	13,900.00	1,840.00	17,000.00		7.00
DL	0.01	0.01	0.01		1.00

Field 6-8 - 10/18/2022: Oats, silage-soft dough

Field 6-8 - 10/18/2022: Oats, silage-soft dough

Winter Forage

Sample and source description: Winter Forage

Sample date: 04/26/2023 Source of analysis: Lab analysis Method of reporting: Dry-weight

Moisture: 66.6 %

	Total N (mg/kg)	Total P (mg/kg)	Total K (mg/kg)	Total salt (mg/kg)	TFS (%)
Value	16,600.00	3,170.00	33,000.00		9.82
DL	0.01	0.01	0.01		1.00

Field 6-8 - 06/02/2023: Corn, silage

Corn Silage

Sample and source description: Corn Silage

Sample date: 09/11/2023 Source of analysis: Lab analysis Method of reporting: Dry-weight

Moisture: 72.0 %

	Total N (mg/kg)	Total P (mg/kg)	Total K (mg/kg)	Total salt (mg/kg)	TFS (%)
Value	15,100.00	2,390.00	22,400.00		9.68
DL	0.01	0.01	0.01		1.00

Morris Ranch - 10/18/2022: Oats, silage-soft dough

Winter Forage

Sample and source description: Winter Forage

Sample date: 04/26/2023 Source of analysis: Lab analysis Method of reporting: Dry-weight

Moisture: 70.4 %

	Total N (mg/kg)	Total P (mg/kg)	Total K (mg/kg)	Total salt (mg/kg)	TFS (%)
Value	11,200.00	3,990.00	30,300.00		9.99
DL	0.01	0.01	0.01		1.00

Morris Ranch - 10/18/2022: Oats, silage-soft dough

Winter Forage

Sample and source description: Winter Forage

Sample date: 04/26/2023 Source of analysis: Lab analysis Method of reporting: Dry-weight

Moisture: 66.0 %

	Total N (mg/kg)	Total P (mg/kg)	Total K (mg/kg)	Total salt (mg/kg)	TFS (%)
Value	11,000.00	3,130.00	30,300.00		8.09
DL	0.01	0.01	0.01		1.00

Morris Ranch - 06/02/2023: Corn, silage

Corn Silage

Sample and source description: Corn Silage

Sample date: 10/06/2023 Source of analysis: Lab analysis Method of reporting: Dry-weight

Moisture: 70.1 %

	Total N (mg/kg)	Total P (mg/kg)	Total K (mg/kg)	Total salt (mg/kg)	TFS (%)
Value	14,800.00	2,110.00	17,300.00		7.30
DL	0.01	0.01	0.01		1.00

F. SUBSURFACE (TILE) DRAINAGE ANALYSES

No subsurface (tile) drainage analyses entered.

NUTRIENT APPLICATIONS, POTENTIAL REMOVAL, AND BALANCE

A. SUMMARY OF NUTRIENT APPLICATIONS, POTENTIAL REMOVAL, AND BALANCE

	Total N (lbs)	Total P (lbs)	Total K (lbs)	Total salt (lbs)
Existing soil nutrient content	0.00	0.00	0.00	0.00
Plowdown credit	0.00	0.00	0.00	0.00
Commercial fertilizer / Other	0.00	0.00	0.00	0.00
Dry manure	13,978.38	6,109.04	4,740.74	341,460.00
Process wastewater	53,750.15	7,103.35	77,916.43	571,265.32
Fresh water	9,783.99	0.00	0.00	836,880.68
Atmospheric deposition	3,430.00	0.00	0.00	0.00
Total nutrients applied	80,942.51	13,212.39	82,657.17	1,749,606.00
Anticipated crop nutrient removal	87,360.00	15,302.00	72,268.00	9,940.00
Actual crop nutrient removal	78,526.17	13,431.71	137,818.47	451,285.61
Nutrient balance	2,416.34	-219.33	-55,161.30	1,298,320.38
Applied to removed ratio	1.03	0.98	0.60	3.88

B. POUNDS OF NUTRIENT APPLIED VS. CROP REMOVAL

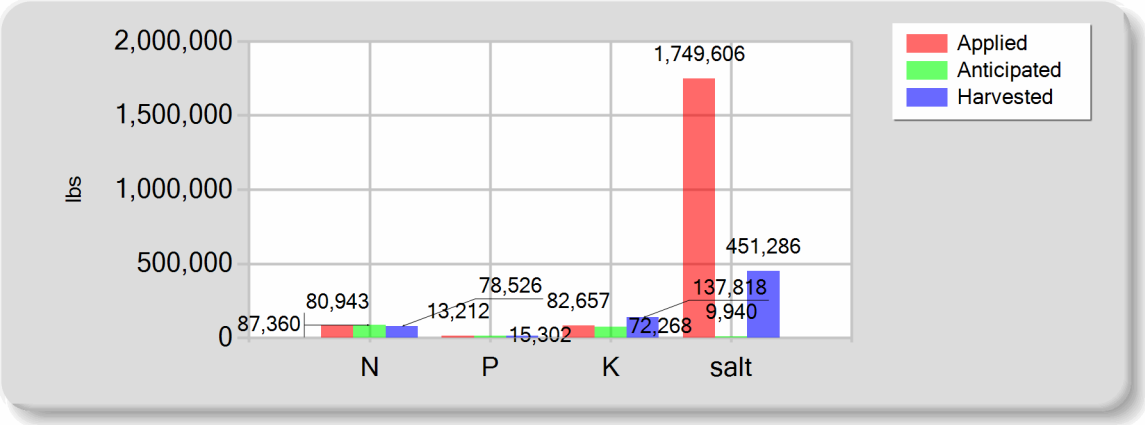

C. POUNDS OF NUTRIENT APPLIED BY MATERIAL TYPE

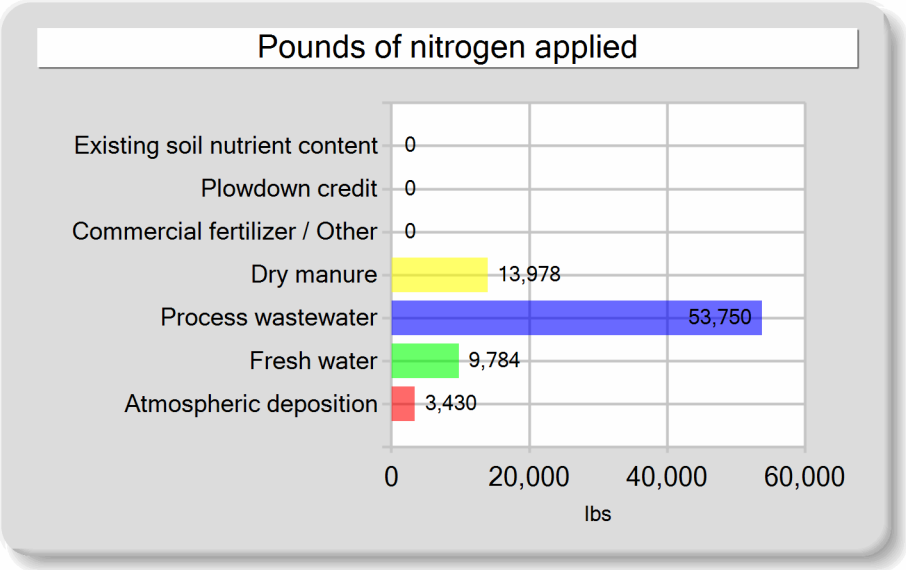

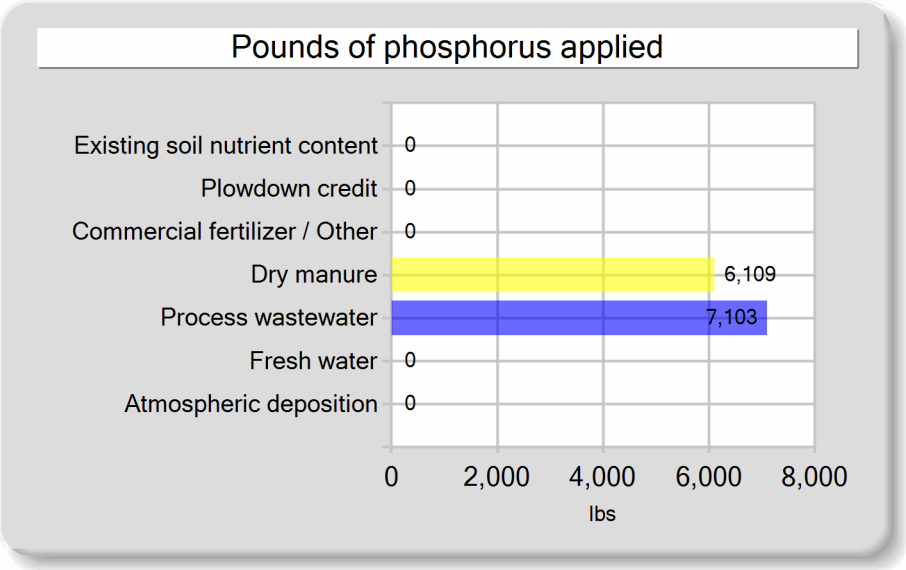

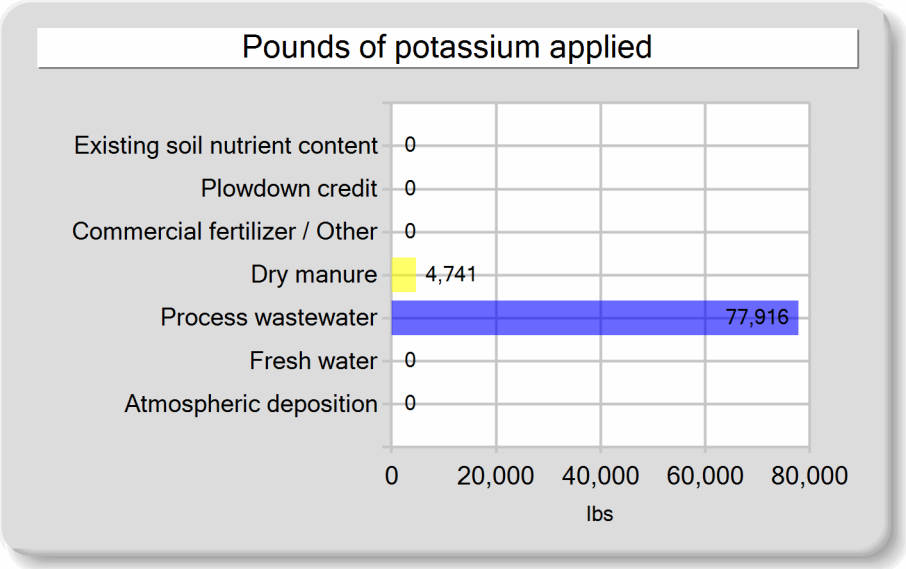

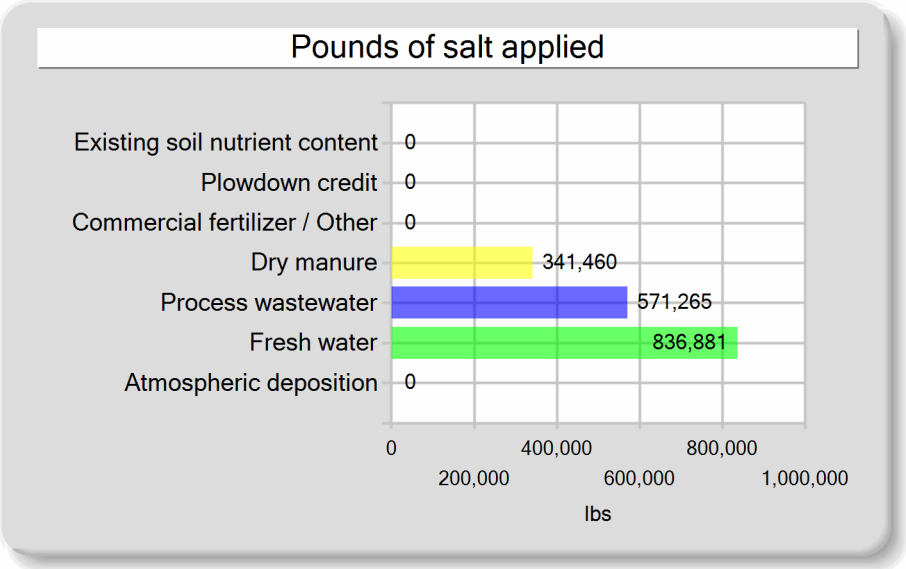

EXCEPTION REPORTING

A. MANURE, PROCESS WASTEWATER, AND OTHER DAIRY WASTE DISCHARGES

The following is a summary of all manure and process wastewater discharges from the production area to surface water or to land areas (land application areas or otherwise) when not in accordance with the facility's Nutrient Management Plan.

No manure or process wastewater discharges occurred during the reporting period.

B. STORM WATER DISCHARGES

The following is a summary of all storm water discharges from the production area to surface water during the reporting period when not in accordance with the facility 's Nutrient Management Plan.

No stormwater discharges occurred during the reporting period.

C. LAND APPLICATION AREA TO SURFACE WATER DISCHARGES

The following is a summary of all discharges from the land application area to surface water that have occurred during the reporting period when not in accordance with the facility's Nutrient Management Plan.

No land application area to surface water discharges occurred during the reporting period.

NUTRIENT MANAGEMENT PLAN AND EXPORT AGREEMENT STATEMENTS

A. NUTRIENT MANAGEMENT PLAN STATEMENTS

Was the facility's NMP updated in the reporting period?	No
Was the facility's NMP developed by a certified nutrient management planner (specialist) as specified in Attachment C of the General Order?	Yes
Was the facility's NMP approved by a certified nutrient management planner (specialist) as specified in Attachment C of the General Order?	Yes

B. EXPORT AGREEMENT STATEMENT

Are there any written agreements with third parties to receive manure or process wastewater that are new or were revised within the reporting period?	No

ADDITIONAL NOTES

A. NOTES

No notes entered for this annual report.

CERTIFICATION

A. OWNER AND/OR OPERATOR CERTIFICATION

I certify under penalty of law that I have personally examined and am familiar with the information submitted in this document and all attachments and that, based on my inquiry of those individuals immediately responsible for obtaining the information, I believe that the information is true, accurate, and complete. I am aware that there are significant penalties for submitting false information, including the possibility of fine and imprisonment.

Frank S Lemos	
SIGNATURE OF OWNER OF FACILITY	SIGNATURE OF OPERATOR OF FACILITY
Frank S Lemos	Joe & Fatima George
PRINT OR TYPE NAME	PRINT OR TYPE NAME
8/22/2024	
DATE	DATE

ATTACHMENTS

A. REQUIRED ATTACHMENTS

The following lists the required documents that should be attached to the Annual Report when submitted .

Annual Dairy Facility Assessment
Provide an Annual Dairy Facility Assessment (an update to the Preliminary Dairy Facility Assessment in Attachment A) for each reporting period. On the PDFA Final page, click on the ADFA Report button to generate an ADFA report after updating information as needed .

Manure/Process Wastewater Tracking Manifests
Provide copies of all manure/process wastewater tracking manifests for the reporting period, signed by both the owner/operator and the hauler.

Corrective Actions Documents
Provide records documenting any corrective actions taken to correct deficiencies noted as a result of the inspections required in the Monitoring Requirements of the General Order. Deficiencies not corrected in 30 days must be accompanied by an explanation of the factors preventing immediate correction.

Groundwater Monitoring
Dischargers that monitor supply wells or subsurface (tile) drainage systems, or that have monitoring well systems must submit monitoring results as directed in the General Order, Groundwater Reporting Section starting on page MRP-13.

Storm Water Monitoring
Dischargers that are required to monitor storm water more frequently than required in the General Order must submit monitoring results as directed in the General Order, Storm Water Reporting Section on page MRP-14.