Annual Report - General Order No. R5-2007-0035
Reporting period 01/01/2023 to 12/31/2023.

DAIRY FACILITY INFORMATION

A. NAME OF DAIRY OR BUSINESS OPERATING THE DAIRY: Fragoso Dairy #2

Physical address of dairy:

14691 S Brennan RD	Escalon	San Joaquin	95320
Number and Street	City	County	Zip Code

Street and nearest cross street (if no address):

Date facility was originally placed in operation: 01/01/1960

Regional Water Quality Control Board Basin Plan designation: San Joaquin River Basin

County Assessor Parcel Number(s) for dairy facility:

X207-X360-XX06-XXXX

B. OPERATORS

Fragoso, Luis

Operator name: Fragoso, Luis

Telephone no.: Landline: ; Cellular: (209) 499-7475

14691 S Brennan RD	Escalon	CA	95320
Mailing Address Number and Street	City	State	Zip Code

This operator is responsible for paying permit fees.

C. OWNERS

Fragoso, Luis

Legal owner name: Fragoso, Luis

Telephone no.: Landline: ; Cellular: (209) 499-7475

14691 S Brennan RD	Escalon	CA	95320
Mailing Address Number and Street	City	State	Zip Code

This owner is responsible for paying permit fees.

AVAILABLE NUTRIENTS

A. HERD INFORMATION

	Milk Cows	Dry Cows	Bred Heifers (15-24 mo.)	Heifers (7-14 mo. to breeding)	Calves (4-6 mo.)	Calves (0-3 mo.)
Number open confinement	0	50	120	120	60	50
Number under roof	350	0	0	0	0	0
Maximum number	350	50	120	120	60	50
Average number	350	50	120	120	60	50
Avg live weight (lbs)	1,400	1,450	1,000	700		

Predominant milk cow breed: Holstein

Average milk production: 68 *pounds per cow per day*

B. MANURE GENERATED

Total manure excreted by the herd: 12,397.92 *tons per reporting period*

Total nitrogen from manure: 153,830.91 *lbs per reporting period*

After ammonia losses (30% loss applied): 107,681.64 *lbs per reporting period*

Total phosphorus from manure: 25,131.13 *lbs per reporting period*

Total potassium from manure: 66,568.33 *lbs per reporting period*

Total salt from manure: 176,295.00 *lbs per reporting period*

C. PROCESS WASTEWATER GENERATED

Process wastewater generated: 2,376,000 *gallons*

Total nitrogen generated: 16,064.96 *lbs*

Total phosphorus generated: 1,393.80 *lbs*

Total potassium generated: 15,006.88 *lbs*

Total salt generated: 112,747.63 *lbs*

	2,376,000	*gallons applied*
+	0	*gallons exported*
-	0	*gallons imported*
=	2,376,000	*gallons generated*

D. FRESH WATER SOURCES

Source Description	Type
IW 1	Ground water

E. SUBSURFACE (TILE) DRAINAGE SOURCES

No subsurface (tile) drainage sources entered.

F. NUTRIENT IMPORTS

No dry manure nutrient imports entered.

No process wastewater nutrient imports entered.

No commercial or other nutrient imports entered.

G. NUTRIENT EXPORTS

Date	Material type	Quantity	Reporting basis	Moisture (%)	Density (lbs/cu ft)	N (mg/kg)	P (mg/kg)	K (mg/kg)	Salt (mg/kg)	TFS (%)
10/02/2023	Corral solids	2,000.00 *ton*	Dry-weight	41.0		24,200.00	6,600.00	29,800.00		44.30

No liquid nutrient exports entered.

Material type	Total N (lbs)	Total P (lbs)	Total K (lbs)	Total salt (lbs)
Dry manure	57,112.00	15,576.00	70,328.00	1,045,480.00
Process wastewater	0.00	0.00	0.00	0.00
Total exports for all materials	57,112.00	15,576.00	70,328.00	1,045,480.00

APPLICATION AREA

A. LIST OF LAND APPLICATION AREAS

Field name	Controlled acres	Cropable acres	Total harvests	Type of waste applied	Parcel number
Field 1	28	28	2	process wastewater	X207-X360-XX06-XXXX
Totals for areas that were used for application	28	28	2		
Totals for areas that were not used for application					
Land application area totals	28	28	2		

B. CROPS AND HARVESTS

Field 1

Field name: Field 1

11/01/2022: Oats, hay

Crop: Oats, hay Acres planted: 25 Plant date: 11/01/2022

Harvest date	Yield	Reporting basis	Density (lbs/cu ft)	Moisture (%)	N (mg/kg)	P (mg/kg)	K (mg/kg)	Salt (mg/kg)	TFS (%)
05/22/2023	115.10 *ton*	As-is		5.2	21,800.00	3,270.00	47,700.00		11.00

	Yield (tons/acre)	Total N (lbs/acre)	Total P (lbs/acre)	Total K (lbs/acre)	Salt (lbs/acre)
Anticipated harvest content	4.00	160.00	26.00	132.00	0.00
Total actual harvest content	4.60	200.73	30.11	439.22	960.21

05/30/2023: Sudangrass, hay

Crop: Sudangrass, hay Acres planted: 25 Plant date: 05/30/2023

Harvest date	Yield	Reporting basis	Density (lbs/cu ft)	Moisture (%)	N (mg/kg)	P (mg/kg)	K (mg/kg)	Salt (mg/kg)	TFS (%)
09/23/2023	166.20 *ton*	As-is		11.5	21,900.00	3,040.00	45,000.00		13.10

	Yield (tons/acre)	Total N (lbs/acre)	Total P (lbs/acre)	Total K (lbs/acre)	Salt (lbs/acre)
Anticipated harvest content	6.00	192.00	26.40	198.00	0.00
Total actual harvest content	6.65	291.18	40.42	598.32	1,541.47

NUTRIENT BUDGET

A. LAND APPLICATIONS

Field 1 - 11/01/2022: Oats, hay

Field name: Field 1

Crop: Oats, hay — Plant date: 11/01/2022

Application date	Application method	Precipitation 24 hours prior	Precipitation during application	Precipitation 24 hours following
01/14/2023	Pipeline	No precipitation	No precipitation	No precipitation

Source description	Material type	N (lbs/acre)	P (lbs/acre)	K (lbs/acre)	Salt (lbs/acre)	Amount
WWS	Process wastewater	122.21	15.25	67.92	713.80	324,000.00 *gal*
Application event totals		122.21	15.25	67.92	713.80	

Application date	Application method	Precipitation 24 hours prior	Precipitation during application	Precipitation 24 hours following
02/20/2023	Surface (irrigation)	No precipitation	No precipitation	No precipitation

Source description	Material type	N (lbs/acre)	P (lbs/acre)	K (lbs/acre)	Salt (lbs/acre)	Amount
WWS	Process wastewater	81.47	10.17	45.28	475.87	216,000.00 *gal*
Application event totals		81.47	10.17	45.28	475.87	

Application date	Application method	Precipitation 24 hours prior	Precipitation during application	Precipitation 24 hours following
04/05/2023	Surface (irrigation)	No precipitation	No precipitation	No precipitation

Source description	Material type	N (lbs/acre)	P (lbs/acre)	K (lbs/acre)	Salt (lbs/acre)	Amount
WWS	Process wastewater	81.47	10.17	45.28	475.87	216,000.00 *gal*
Application event totals		81.47	10.17	45.28	475.87	

Field 1 - 05/30/2023: Sudangrass, hay

Field name: Field 1

Crop: Sudangrass, hay — Plant date: 05/30/2023

Application date	Application method	Precipitation 24 hours prior	Precipitation during application	Precipitation 24 hours following
05/30/2023	Surface (irrigation)	No precipitation	No precipitation	No precipitation

Source description	Material type	N (lbs/acre)	P (lbs/acre)	K (lbs/acre)	Salt (lbs/acre)	Amount
WWS	Process wastewater	119.15	6.72	147.27	948.13	540,000.00 *gal*
IW 1	Ground water	22.59	0.00	0.00	288.40	2,400,000.00 *gal*
Application event totals		141.74	6.72	147.27	1,236.53	

Field 1 - 05/30/2023: Sudangrass, hay

Application date	Application method	Precipitation 24 hours prior	Precipitation during application	Precipitation 24 hours following
06/17/2023	Surface (irrigation)	No precipitation	No precipitation	No precipitation

Source description	Material type	N (lbs/acre)	P (lbs/acre)	K (lbs/acre)	Salt (lbs/acre)	Amount
IW 1	Ground water	27.67	0.00	0.00	353.29	2,940,000.00 *gal*
Application event totals		27.67	0.00	0.00	353.29	

Application date	Application method	Precipitation 24 hours prior	Precipitation during application	Precipitation 24 hours following
07/02/2023	Surface (irrigation)	No precipitation	No precipitation	No precipitation

Source description	Material type	N (lbs/acre)	P (lbs/acre)	K (lbs/acre)	Salt (lbs/acre)	Amount
WWS	Process wastewater	119.15	6.72	147.27	948.13	540,000.00 *gal*
IW 1	Ground water	22.87	0.00	0.00	292.01	2,430,000.00 *gal*
Application event totals		142.02	6.72	147.27	1,240.13	

Application date	Application method	Precipitation 24 hours prior	Precipitation during application	Precipitation 24 hours following
07/17/2023	Surface (irrigation)	No precipitation	No precipitation	No precipitation

Source description	Material type	N (lbs/acre)	P (lbs/acre)	K (lbs/acre)	Salt (lbs/acre)	Amount
IW 1	Ground water	28.24	0.00	0.00	360.50	3,000,000.00 *gal*
Application event totals		28.24	0.00	0.00	360.50	

Application date	Application method	Precipitation 24 hours prior	Precipitation during application	Precipitation 24 hours following
08/05/2023	Surface (irrigation)	No precipitation	No precipitation	No precipitation

Source description	Material type	N (lbs/acre)	P (lbs/acre)	K (lbs/acre)	Salt (lbs/acre)	Amount
WWS	Process wastewater	59.57	3.36	73.63	474.06	270,000.00 *gal*
IW 1	Ground water	24.85	0.00	0.00	317.24	2,640,000.00 *gal*
Application event totals		84.42	3.36	73.63	791.31	

Application date	Application method	Precipitation 24 hours prior	Precipitation during application	Precipitation 24 hours following
08/20/2023	Surface (irrigation)	No precipitation	No precipitation	No precipitation

Source description	Material type	N (lbs/acre)	P (lbs/acre)	K (lbs/acre)	Salt (lbs/acre)	Amount
IW 1	Ground water	27.67	0.00	0.00	353.29	2,940,000.00 *gal*
Application event totals		27.67	0.00	0.00	353.29	

Field 1 - 05/30/2023: Sudangrass, hay

Application date	Application method	Precipitation 24 hours prior	Precipitation during application	Precipitation 24 hours following
09/07/2023	Surface (irrigation)	No precipitation	No precipitation	No precipitation

Source description	Material type	N (lbs/acre)	P (lbs/acre)	K (lbs/acre)	Salt (lbs/acre)	Amount
WWS	Process wastewater	59.57	3.36	73.63	474.06	270,000.00 *gal*
IW 1	Ground water	24.57	0.00	0.00	313.64	2,610,000.00 *gal*
Application event totals		84.14	3.36	73.63	787.70	

B. NUTRIENT BUDGET

Field 1 - 11/01/2022: Oats, hay

Field name: Field 1 Crop: Oats, hay Plant date: 11/01/2022

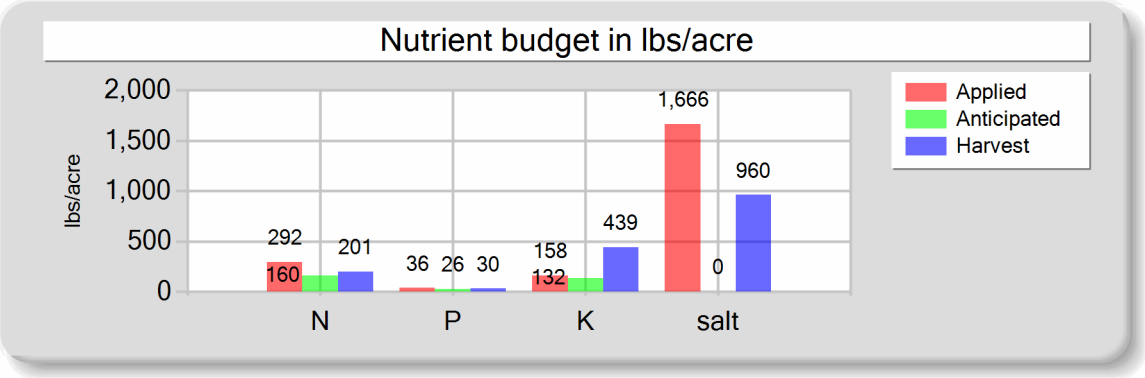

	Total N (lbs/acre)	Total P (lbs/acre)	Total K (lbs/acre)	Total salt (lbs/acre)
Existing soil nutrient content	0.00	0.00	0.00	0.00
Plowdown credit	0.00	0.00	0.00	0.00
Commercial fertilizer / Other	0.00	0.00	0.00	0.00
Dry manure	0.00	0.00	0.00	0.00
Process wastewater	285.16	35.58	158.48	1,665.53
Fresh water	0.00	0.00	0.00	0.00
Atmospheric deposition	7.00	0.00	0.00	0.00
Total nutrients applied	292.16	35.58	158.48	1,665.53
Anticipated crop nutrient removal	160.00	26.00	132.00	0.00
Actual crop nutrient removal	200.73	30.11	439.22	960.21
Nutrient balance	91.42	5.47	-280.74	705.32
Applied to removed ratio	1.46	1.18	0.36	1.73

Fresh water applied	
0.00	*gallons*
0.00	*acre-inches*
0.00	*inches/acre*

Process wastewater applied	
756,000.00	*gallons*
27.84	*acre-inches*
1.11	*inches/acre*

Total harvests for the crop	
1	*harvests*

Field 1 - 05/30/2023: Sudangrass, hay

Field name: Field 1 Crop: Sudangrass, hay Plant date: 05/30/2023

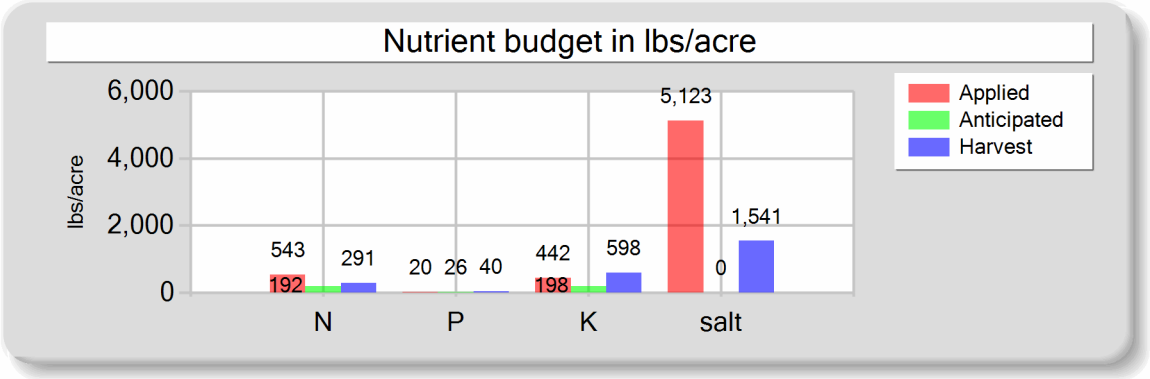

	Total N (lbs/acre)	Total P (lbs/acre)	Total K (lbs/acre)	Total salt (lbs/acre)
Existing soil nutrient content	0.00	0.00	0.00	0.00
Plowdown credit	0.00	0.00	0.00	0.00
Commercial fertilizer / Other	0.00	0.00	0.00	0.00
Dry manure	0.00	0.00	0.00	0.00
Process wastewater	357.44	20.17	441.80	2,844.38
Fresh water	178.47	0.00	0.00	2,278.39
Atmospheric deposition	7.00	0.00	0.00	0.00
Total nutrients applied	542.91	20.17	441.80	5,122.76
Anticipated crop nutrient removal	192.00	26.40	198.00	0.00
Actual crop nutrient removal	291.18	40.42	598.32	1,541.47
Nutrient balance	251.73	-20.25	-156.52	3,581.29
Applied to removed ratio	1.86	0.50	0.74	3.32

Fresh water applied	
18,960,000.00	*gallons*
698.23	*acre-inches*
27.93	*inches/acre*

Process wastewater applied	
1,620,000.00	*gallons*
59.66	*acre-inches*
2.39	*inches/acre*

Total harvests for the crop	
1	*harvests*

NUTRIENT ANALYSES

A. MANURE ANALYSES

Corral Solids

Sample and source description: Corral Solids

Sample date: 04/17/2023 Material type: Corral solids Source of analysis: Lab analysis Method of reporting: Dry-weight

Moisture: 41.0 %

	Total N (mg/kg)	Total P (mg/kg)	Total K (mg/kg)	Calcium (mg/kg)	Magnesium (mg/kg)	Sodium (mg/kg)	Sulfur (mg/kg)	Chloride (mg/kg)	Total salt (mg/kg)	TFS (%)
Value	24,200.00	6,600.00	29,800.00	12,100.00	7,000.00	6,300.00	5,400.00	2,630.00		44.30
DL	100.00	100.00	100.00	100.00	100.00	100.00	100.00	50.00		0.01

Compost

Sample and source description: Compost

Sample date: 10/09/2023 Material type: Compost Source of analysis: Lab analysis Method of reporting: Dry-weight

Moisture: 25.0 %

	Total N (mg/kg)	Total P (mg/kg)	Total K (mg/kg)	Calcium (mg/kg)	Magnesium (mg/kg)	Sodium (mg/kg)	Sulfur (mg/kg)	Chloride (mg/kg)	Total salt (mg/kg)	TFS (%)
Value	17,800.00	5,660.00	32,700.00							56.70
DL	100.00	100.00	100.00							0.01

Corral Solids

Sample and source description: Corral Solids

Sample date: 10/09/2023 Material type: Corral solids Source of analysis: Lab analysis Method of reporting: Dry-weight

Moisture: 61.1 %

	Total N (mg/kg)	Total P (mg/kg)	Total K (mg/kg)	Calcium (mg/kg)	Magnesium (mg/kg)	Sodium (mg/kg)	Sulfur (mg/kg)	Chloride (mg/kg)	Total salt (mg/kg)	TFS (%)
Value	16,400.00	3,760.00	13,700.00							42.30
DL	100.00	100.00	100.00							0.01

B. PROCESS WASTEWATER ANALYSES

WWQ1

Sample and source description: WWQ1

Sample date: 02/21/2023 Material type: Process wastewater Source of analysis: Lab analysis pH: 0.00

	Kjeldahl-N (mg/L)	NH4-N (mg/L)	NH3-N (mg/L)	Nitrate-N (mg/L)	Total P (mg/L)	Total K (mg/L)	Calcium (mg/L)	Magnes. (mg/L)	Sodium (mg/L)	Bicarb. (mg/L)	Carb. (mg/L)	Sulfate (mg/L)	Chloride (mg/L)	EC (µmhos/cm)	TDS (mg/L)
Value	1,130.00	462.00	0.00	0.00	141.00	628.00	175.00	147.00	109.00	3,280.00	0.00	388.00	213.00	5,490.00	6,600
DL	0.50	0.50	0.50	0.50	0.50	0.50	0.50	0.50	0.50	0.50	2.00	1.00	0.10	1.00	10

WWQ2

Sample and source description: WWQ2

Sample date: 04/10/2023 Material type: Process wastewater Source of analysis: Lab analysis pH: 0.00

	Kjeldahl-N (mg/L)	NH4-N (mg/L)	NH3-N (mg/L)	Nitrate-N (mg/L)	Total P (mg/L)	Total K (mg/L)	Calcium (mg/L)	Magnes. (mg/L)	Sodium (mg/L)	Bicarb. (mg/L)	Carb. (mg/L)	Sulfate (mg/L)	Chloride (mg/L)	EC (µmhos/cm)	TDS (mg/L)
Value	930.00	423.00	0.00	0.00	63.90	907.00								7,040.00	4,740
DL	0.50	0.50	0.50	0.50	0.50	0.50								1.00	10

WWQ3

Sample and source description: WWQ3

Sample date: 07/26/2023 Material type: Process wastewater Source of analysis: Lab analysis pH: 0.00

	Kjeldahl-N (mg/L)	NH4-N (mg/L)	NH3-N (mg/L)	Nitrate-N (mg/L)	Total P (mg/L)	Total K (mg/L)	Calcium (mg/L)	Magnes. (mg/L)	Sodium (mg/L)	Bicarb. (mg/L)	Carb. (mg/L)	Sulfate (mg/L)	Chloride (mg/L)	EC (µmhos/cm)	TDS (mg/L)
Value	661.00	448.00	0.00	0.00	37.30	817.00								7,560.00	5,260
DL	0.50	0.50	0.50	0.50	0.50	0.50								1.00	10

WWQ4

Sample and source description: WWQ4

Sample date: 10/30/2023 Material type: Process wastewater Source of analysis: Lab analysis pH: 0.00

	Kjeldahl-N (mg/L)	NH4-N (mg/L)	NH3-N (mg/L)	Nitrate-N (mg/L)	Total P (mg/L)	Total K (mg/L)	Calcium (mg/L)	Magnes. (mg/L)	Sodium (mg/L)	Bicarb. (mg/L)	Carb. (mg/L)	Sulfate (mg/L)	Chloride (mg/L)	EC (µmhos/cm)	TDS (mg/L)
Value	748.00	487.00	0.00	0.00	38.80	913.00								7,910.00	7,500
DL	0.50	0.50	0.50	0.50	0.50	0.50								1.00	10

C. FRESH WATER ANALYSES

IW 1

IW 1

Sample description: IW 1

Sample date: 04/10/2024 Source of analysis: Lab analysis

	Total N (mg/L)	NH4-N (mg/L)	Nitrate-N (mg/L)	Calcium (mg/L)	Magnesium (mg/L)	Sodium (mg/L)	Bicarbonate (mg/L)	Carbonate (mg/L)	Sulfate (mg/L)	Chloride (mg/L)	EC (µmhos/cm)	TDS (mg/L)
Value	28.20	0.00	28.20								912.00	360
DL	0.50	0.50	0.50								1.00	10

D. SOIL ANALYSES

Field 1

Soil

Sample and source description: Soil

Sample date: 10/23/2023 Source of analysis: Lab analysis

	Nitrate-N (mg/kg)	Total P (mg/kg)	Soluble P (mg/kg)	K (mg/kg)	EC (µmhos/cm)	Organic matter (%)	Total salt (mg/kg)
Value			128.00				
DL			4.00				

E. PLANT TISSUE ANALYSES

Field 1 - 11/01/2022: Oats, hay

Field 1 - 11/01/2022: Oats, hay

Oat Hay

Sample and source description: Oat Hay

Sample date: 10/02/2023 Source of analysis: Lab analysis Method of reporting: As-is

Moisture: 5.2 %

	Total N (mg/kg)	Total P (mg/kg)	Total K (mg/kg)	Total salt (mg/kg)	TFS (%)
Value	21,800.00	3,270.00	47,700.00		11.00
DL	100.00	100.00	100.00		0.01

Field 1 - 05/30/2023: Sudangrass, hay

Sorghum Hay

Sample and source description: Sorghum Hay

Sample date: 10/02/2023 Source of analysis: Lab analysis Method of reporting: As-is

Moisture: 11.5 %

	Total N (mg/kg)	Total P (mg/kg)	Total K (mg/kg)	Total salt (mg/kg)	TFS (%)
Value	21,900.00	3,040.00	45,000.00		13.10
DL	100.00	100.00	100.00		0.01

F. SUBSURFACE (TILE) DRAINAGE ANALYSES

No subsurface (tile) drainage analyses entered.

NUTRIENT APPLICATIONS, POTENTIAL REMOVAL, AND BALANCE

A. SUMMARY OF NUTRIENT APPLICATIONS, POTENTIAL REMOVAL, AND BALANCE

	Total N (lbs)	Total P (lbs)	Total K (lbs)	Total salt (lbs)
Existing soil nutrient content	0.00	0.00	0.00	0.00
Plowdown credit	0.00	0.00	0.00	0.00
Commercial fertilizer / Other	0.00	0.00	0.00	0.00
Dry manure	0.00	0.00	0.00	0.00
Process wastewater	16,064.96	1,393.80	15,006.88	112,747.63
Fresh water	4,461.84	0.00	0.00	56,959.63
Atmospheric deposition	350.00	0.00	0.00	0.00
Total nutrients applied	20,876.80	1,393.80	15,006.88	169,707.26
Anticipated crop nutrient removal	8,800.00	1,310.00	8,250.00	0.00
Actual crop nutrient removal	12,297.92	1,763.25	25,938.54	62,542.05
Nutrient balance	8,578.88	-369.45	-10,931.66	107,165.21
Applied to removed ratio	1.70	0.79	0.58	2.71

B. POUNDS OF NUTRIENT APPLIED VS. CROP REMOVAL

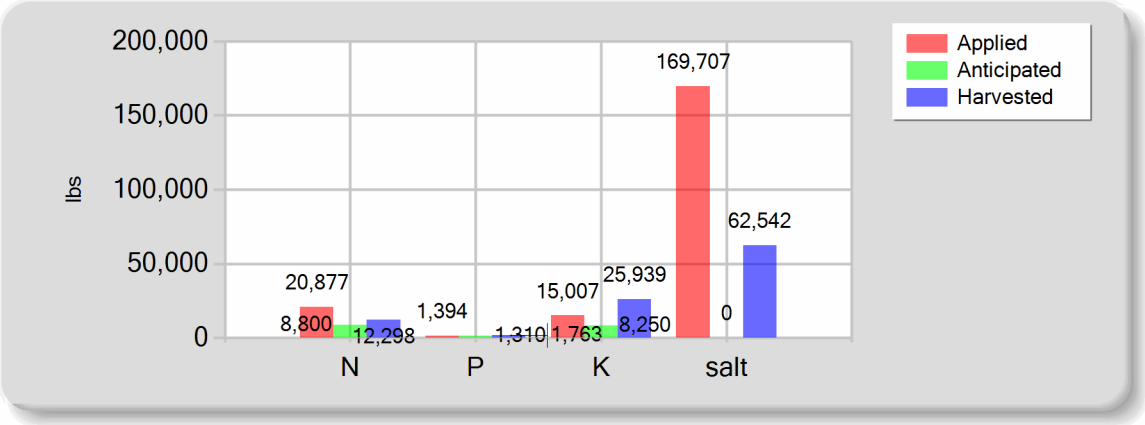

C. POUNDS OF NUTRIENT APPLIED BY MATERIAL TYPE

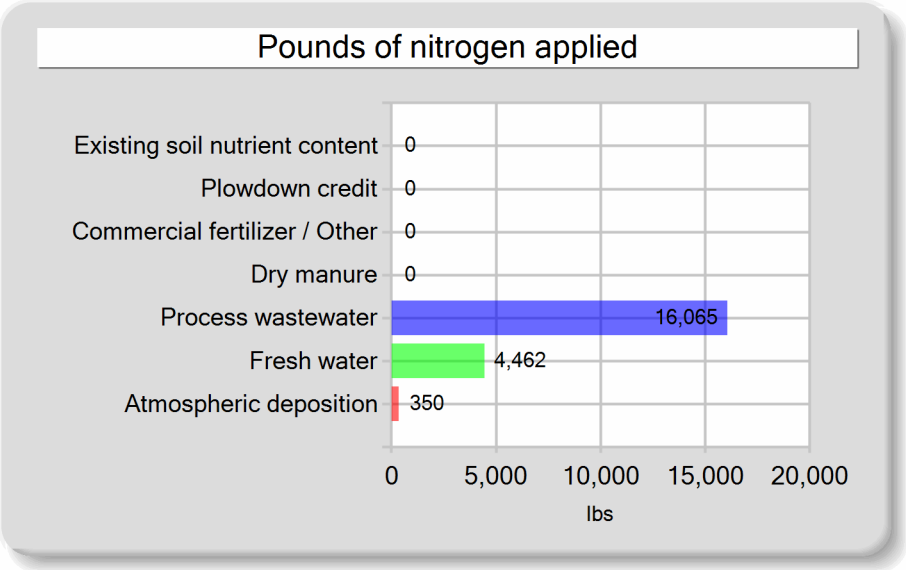

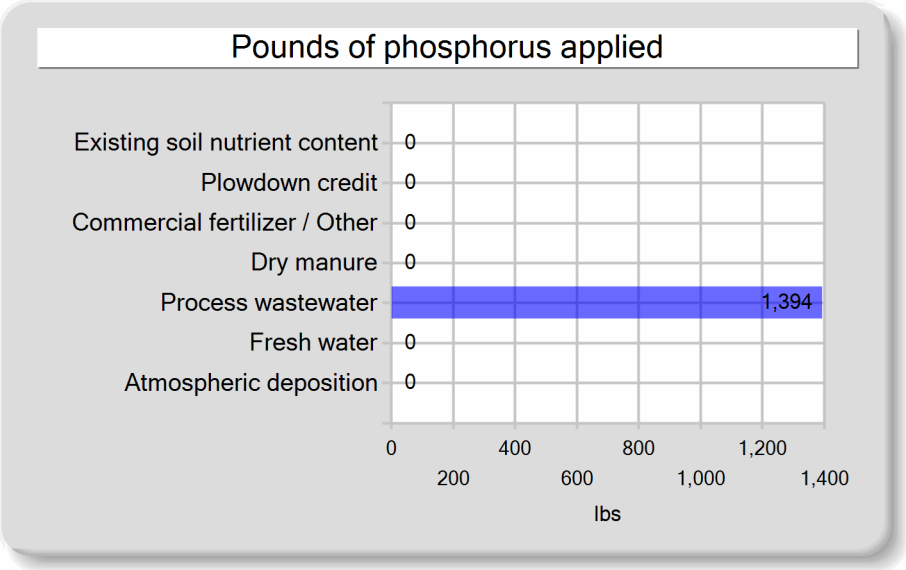

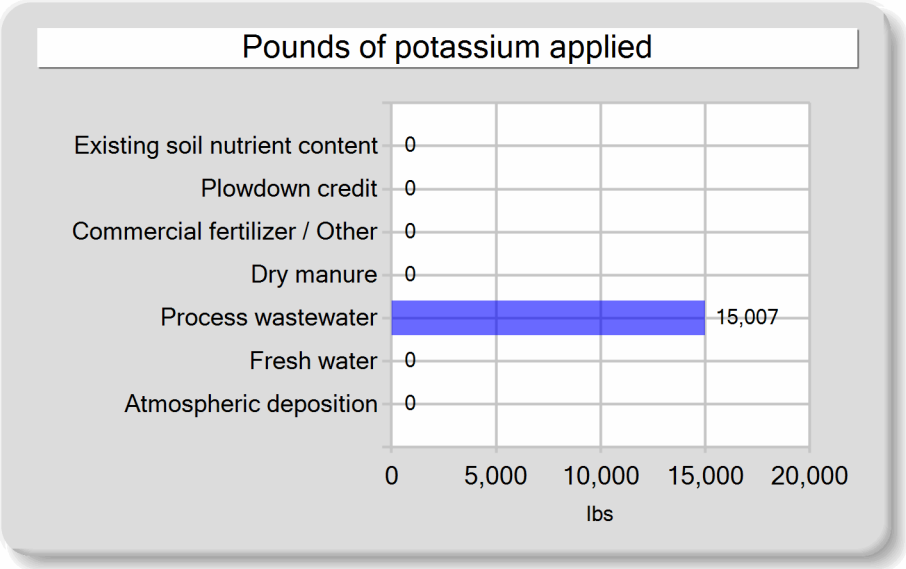

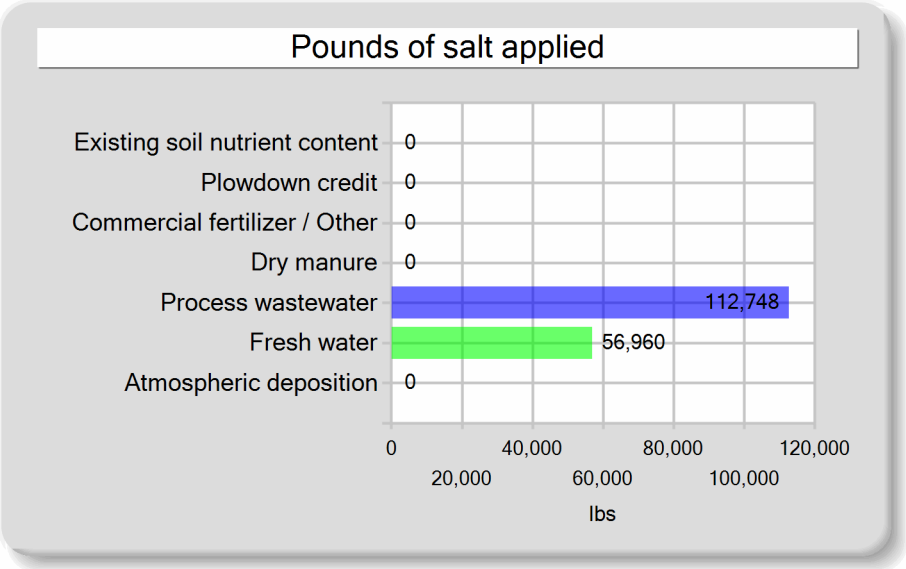

EXCEPTION REPORTING

A. MANURE, PROCESS WASTEWATER, AND OTHER DAIRY WASTE DISCHARGES

The following is a summary of all manure and process wastewater discharges from the production area to surface water or to land areas (land application areas or otherwise) when not in accordance with the facility's Nutrient Management Plan.

No manure or process wastewater discharges occurred during the reporting period.

B. STORM WATER DISCHARGES

The following is a summary of all storm water discharges from the production area to surface water during the reporting period when not in accordance with the facility 's Nutrient Management Plan.

No stormwater discharges occurred during the reporting period.

C. LAND APPLICATION AREA TO SURFACE WATER DISCHARGES

The following is a summary of all discharges from the land application area to surface water that have occurred during the reporting period when not in accordance with the facility's Nutrient Management Plan.

No land application area to surface water discharges occurred during the reporting period.

NUTRIENT MANAGEMENT PLAN AND EXPORT AGREEMENT STATEMENTS

A. NUTRIENT MANAGEMENT PLAN STATEMENTS

Was the facility's NMP updated in the reporting period?	Yes
Was the facility's NMP developed by a certified nutrient management planner (specialist) as specified in Attachment C of the General Order?	Yes
Was the facility's NMP approved by a certified nutrient management planner (specialist) as specified in Attachment C of the General Order?	Yes

B. EXPORT AGREEMENT STATEMENT

Are there any written agreements with third parties to receive manure or process wastewater that are new or were revised within the reporting period?	No

ADDITIONAL NOTES

A. NOTES

Field 1 Forage Hay (1.46) had a high nitrogen field ratio due to a slight over application of nitrogen in the form of wastewater. Excessive winter rain made necessary an extra application of wastewater to insure storage pond capacity which ultimately resulted in the high field ratio.

Field 1 Sudan Hay (1.86) had a high nitrogen field ratio due to an over application of nitrogen in the form of freshwater. The Irrigation Well contributed 178.47 pounds of nitrogen in the form of fresh water which was higher than historical levels.

Annual Report - General Order No. R5-2007-0035
Reporting period 01/01/2023 to 12/31/2023.

CERTIFICATION

A. OWNER AND/OR OPERATOR CERTIFICATION

I certify under penalty of law that I have personally examined and am familiar with the information submitted in this document and all attachments and that, based on my inquiry of those individuals immediately responsible for obtaining the information, I believe that the information is true, accurate, and complete. I am aware that there are significant penalties for submitting false information, including the possibility of fine and imprisonment.

Luis Fragoso	
SIGNATURE OF OWNER OF FACILITY	SIGNATURE OF OPERATOR OF FACILITY
Luis Fragoso	SAME AS OWNER
PRINT OR TYPE NAME	PRINT OR TYPE NAME
6-19-24	
DATE	DATE

ATTACHMENTS

A. REQUIRED ATTACHMENTS

The following lists the required documents that should be attached to the Annual Report when submitted .

Annual Dairy Facility Assessment
Provide an Annual Dairy Facility Assessment (an update to the Preliminary Dairy Facility Assessment in Attachment A) for each reporting period. On the PDFA Final page, click on the ADFA Report button to generate an ADFA report after updating information as needed .

Manure/Process Wastewater Tracking Manifests
Provide copies of all manure/process wastewater tracking manifests for the reporting period, signed by both the owner/operator and the hauler.

Corrective Actions Documents
Provide records documenting any corrective actions taken to correct deficiencies noted as a result of the inspections required in the Monitoring Requirements of the General Order. Deficiencies not corrected in 30 days must be accompanied by an explanation of the factors preventing immediate correction.

Groundwater Monitoring
Dischargers that monitor supply wells or subsurface (tile) drainage systems, or that have monitoring well systems must submit monitoring results as directed in the General Order, Groundwater Reporting Section starting on page MRP-13.

Storm Water Monitoring
Dischargers that are required to monitor storm water more frequently than required in the General Order must submit monitoring results as directed in the General Order, Storm Water Reporting Section on page MRP-14.

ATTACHMENT D

Manure/Process Wastewater Tracking Manifest
For
Existing Milk Cow Dairies

Instructions:

1) Complete one manifest for each hauling event, for each destination. A hauling event may last for several days, as long as the manure is being hauled to the same destination.
2) If there are multiple destinations, **complete a separate form for each destination.**
3) The operator must obtain the signature of the hauler upon completion of each manure-hauling event.
4) The operator shall submit copies of manure/process wastewater tracking manifest(s) with the Annual Monitoring Report for Existing Milk Cow Dairies.

Operator Information:

Name of Operator: Luis Fragoso

Name of Dairy Facility: Fragoso Dairy #2

Facility Address: 14691 Brennan Road, (Number and Street) Escalon, CA (City) 95320 (Zip Code)

Contact Person Name and Phone Number: Luis Fragoso (Name) 209-499-7478 (Phone Number)

Manure/Process Wastewater Hauler Information:

Name of Hauling Company/Person: Brasil & Sons

Address of Hauling Company /Person: 21768 E. Lone Tree Road, (Number and Street) Escalon, (City) CA 95320 (Zip Code)

Contact Person: Victor Brasil (Name) 209-595-1577 (Phone Number)

Destination Information:

Composting Facility / Broker / Farmer / Other (identify) _____ (please circle one)

Contact information of Composting Facility, Broker, Farmer, or Other (as identified above):

Brasil & Sons (Name) 21768 E. Lone Tree Road, (Number and Street) Escalon, (City) CA 95320 (Zip Code) 209-595-1577 (Phone Number)

Manure/Process Wastewater Destination Address or Assessor's Parcel Number:

20623 E. Lone Tree Road, (Number and Street) Escalon, (City) CA 95320 (Zip Code) 205-110-04 (Assessor's Parcel Number)

Dates Hauled: 10/2/2023

Amount Hauled:

Enter the amount of manure hauled in tons or cubic yards (indicate the units used), the manure solids content (if amount reported in tons) or manure density (if amount reported in cubic yards), and the method used to calculate the amount:

Manure: 2,000 Tons or Cubic Yards (indicate which units used)

Manure Solids Content (if amount reported in tons): 41% moisture

Manure Density (if amount reported in cubic yards): _____

Method used to determine amount of manure: _____

200 loads at 10 ton per load

Enter the amount of process wastewater hauled in gallons and the method used to determine the amount.

Process Wastewater: _____ Gallons

Method used to determine volume of process wastewater: _____

_____

Written Agreement:
Does the Operator have a written agreement (in compliance with Land Application Specification E.3 of Reissued Waste Discharge Requirements General Order No. R5-2013-0122) with any party that receives process wastewater from the Operator for its own use? (please check one)

____ Yes _____ No

If the answer is no, the Operator agrees to have such a written agreement with any such party for any process wastewater transferred after **31 December 2007** to such party.
_____ (Operator shall provide initials here to acknowledge this requirement).

Certification:
I declare under the penalty of law that I personally examined and am familiar with the information submitted in this document, and that based on my inquiry of those individuals immediately responsible for obtaining the information, I believe that the information is true, accurate, and complete. I am aware that there are significant penalties for submitting false information, including the possibility of a fine and imprisonment for knowing violations.

Operator's Signature: Luis Fraga so Date: 6-6-24

Hauler's Signature: Victor Brasil Date: 6-6-24

Denele Analytical, Inc.

865 South Kilroy Avenue Turlock, CA 95380
Phone (209) 634-9055 - Fax (209) 634-9057

40 N. East Street, Woodland, CA 95776
Phone (530) 666-9056 - Fax (530) 666-9058

www.denelelabs.com

Compliance Analysis Report

Customer
Fragoso Dairy Escalon
14691 Brennan Rd.
Escalon, CA 95320

Grower

Consultant:
F & R Ag Services
2857 Geer Rd. Ste A
Turlock, CA 95382

PURCHASE ORDER: #2
RECEIVED DATE: 4/10/24 1:00 PM
SUBMITTED BY: Jeanette
ANALYZED DATE: 4/10/24

Irrigation / Ground Water (H7)
SOURCE: Irrigation Water

NOTES: Temperature was above qualifying at 18.0c

Sample ID	Lab ID	Analyte	Method Ref	Result	Units
IW 1	T4101019A	Electrical Conductivity (EC)	EPA 120.1 and	0.912	mmhos/cm
		Ammonia Nitrogen (NH3-N)	SM 4500-NH3 D,C	< 0.500	mg/L
		Nitrate Nitrogen (NO3-N)	EPA 353.2	28.2	mg/L
		Total Dissolved Solids (TDS)	SM 2540 C-1997 and	360	mg/L
		Total Nitrogen (TN)	SM 4500-NH3 D,C	28.2	mg/L
		Soluble Salts (SALT-SOL)	Calculation	583	mg/L

Laboratory Quality Control	LCS %	MS %	MSD %	Sample mg/L	Dup mg/L	RPD %
Ammonia Nitrogen (NH3-N)	99.0	94.0 (T4096011B)	97.0 (T4096011B)			3.13
Electrical Conductivity (EC)	97.9			0.912 (T4101019A)	0.911 (Dup)	0.088
Nitrate Nitrogen (NO3-N)	99.4	105 (T4099006A)	102 (T4099006A)			3.11
Total Dissolved Solids (TDS)	90.5			135 (T4101023A)	125 (Dup)	7.69
Total Nitrogen (TN)	101			2.80 (T4087055B)	2.80 (null)	0.000

The warranty of Denele Analytical is limited to the accuracy of the analyses of the samples as received. Denele Analytical assumes no responsibility for which the customer uses our test results, nor liability for any other warranties, express or implied. These terms and conditions shall supercede any conflicting terms and conditions submitted on customer purchase orders or other forms submitted for work.

ELAP Certificate No.: 2714

Denele Analytical, Inc.

865 South Kilroy Avenue Turlock, CA 95380
Phone (209) 634-9055 - Fax (209) 634-9057

40 N. East Street, Woodland, CA 95776
Phone (530) 666-9056 - Fax (530) 666-9058

www.denelelabs.com

Compliance Analysis Report

Customer
Fragoso Dairy Escalon
14691 Brennan Rd.
Escalon, CA 95320

Grower

Consultant:
F & R Ag Services
2857 Geer Rd. Ste A
Turlock, CA 95382

PURCHASE ORDER: #2
RECEIVED DATE: 4/10/24 1:00 PM
SUBMITTED BY: Jeanette
ANALYZED DATE: 4/10/24

Irrigation/ Ground Water (H1)
SOURCE: Well Water

NOTES: Temperature was above qualifying at 18.1c

Sample ID	Lab ID	Analyte	Method Ref	Result	Units
DW 1	T4101019B	Electrical Conductivity (EC)	EPA 120.1 and	0.357	mmhos/cm
		Nitrate Nitrogen (NO3-N)	EPA 353.2	4.67	mg/L
		Ammonia Nitrogen (NH3-N)	SM 4500-NH3 D,C	< 0.500	mg/L
		Soluble Salts (SALT-SOL)	Calculation	229	mg/L

Laboratory Quality Control	LCS %	MS %	MSD %	RPD %
Ammonia Nitrogen (NH3-N)	99.0	94.0 (T4096011B)	97.0 (T4096011B)	3.13
Electrical Conductivity (EC)	97.9			0.088
Nitrate Nitrogen (NO3-N)	99.4	105 (T4099006A)	102 (T4099006A)	3.11

The warranty of Denele Analytical is limited to the accuracy of the analyses of the samples as received. Denele Analytical assumes no responsibility for which the customer uses our test results, nor liability for any other warranties, express or implied. These terms and conditions shall supercede any conflicting terms and conditions submitted on customer purchase orders or other forms submitted for work.

ELAP Certificate No.: 2714

DENELE ANALYTICAL, INC.

865 S. KILROY
TURLOCK, CA 95380

PH# 209-634-9055 FAX# 209-634-9057

DAIRY COMPLIANCE

Rush

Client: Fragoso 2
Mailing address:
(not facility address)
Phone#:

Authorized Copy Released To: F&R Ag
Sampled By: Mr. Fragoso
Project ID:

ANALYSIS TO BE COMPLETED:

IRRIGATION/GROUND WATER
- **H1** EC*, NO3-N, NH4-N*
- **H6** EC, TN, TDS
- **H7** Combination of H1 & H6
- **H14** EC, NO3-N, NH4-N, Ca, Mg, Na, Bicarb Carb, SO4, Cl, TDS

PROCESS WASTE WATER
- **H3** EC*, NH4-N, TKN, TP, K, TDS
- **H4** EC*, NO3-N, NH4-N, TKN, TP, K, TDS
- **H5** Ca, Mg, Na, Bicarb, Carb, SO4, Cl
- **H8** Combination of H3 &H5
- **H9** Combination of H4 &H5

TILE DRAIN
- **H2** EC*, NO3-N, TP, NH4-N*, TDS

** Required Field Measurement*

___ (Check here if performed)

DISCHARGE WATER
- **E1** EC*, Temp*, pH*, NO3-N, NH4-N, TKN, TP, K, TDS, Dissolved Oxygen*, BOD 5, TSS, Total & Fecal Coliforms
- **E2** EC,* Temp*, pH*, NO3-N, NH4-N*, Turbidity, TP, Dissolved Oxygen*, Total & Fecal Coliforms
- **E3** EC*, Temp*, pH*, NO3-N, NH4-N*, TP, Total & Fecal Coliforms
- **E4** EC*, Temp*, pH*, NO3-N, NH4-N*, Turbidity, TP, Total & Fecal Coliform

MANURE
- **M1** % Moisture
- **M3** TN TP, K, % Moisture
- **M4** Ca, Mg, Na, Bicarb, Carb, SO4, Cl, Ash
- **M7** Combination of M3 & M4

PLANT TISSUE
- **F18** % Moisture, Ash, TN, P, K, DM and as received
- **F18+** % Moisture, Ash, TN, P, K, DM and as received (Package also includes NIR DCAD)
- **F19+** % Moisture, TN (Package includes complete plant tissue analysis)

SOIL
- **K3** Soluble Phosphorus
- **K4** 1ft NO3, Organic Matter
- **K5** Pre-Plant (2ft NO3), Fall (1-2ft NO3), Fall (2-3ft NO3)
- **K6** 0-1ft EC, NO3, Soluble P, K, Organic Matter
- **K7** Combination of K3 & K4
- **K8** Combination of K3 & K5

H1	H3	M3	F18	OTHER

	Date Collected	Time Collected	Sample ID	Description	Temp	Well Purge	Analysis				
1	4/10/24		IW1	irrigation	18.0°C		✓				H7
2	"		DW1	Domestic	18.1°C						
3											
4											
5											
6											
7											
8											
9											
10											

CHAIN OF CUSTODY RECORDING

	Signature	Company	Received Date & Time	Relinquished Date & Time	(LABORATORY USE ONLY) Logged in By:	LABORATORY NUMBER
1st	Jeanette Sanchez	F&R				
2nd		DENELE ANALYTICAL, INC.	4/10/24 1:00			T4101019

Required to be submitted to any agency? (YES / NO)