Annual Report - General Order No. R5-2007-0035
Reporting period 01/01/2023 to 12/31/2023.

DAIRY FACILITY INFORMATION

A. NAME OF DAIRY OR BUSINESS OPERATING THE DAIRY: Haringa Dairy

Physical address of dairy:

14842 E Keyes RD	Denair	Stanislaus	95316
Number and Street	City	County	Zip Code

Street and nearest cross street (if no address):

Date facility was originally placed in operation: 04/15/1992

Regional Water Quality Control Board Basin Plan designation: San Joaquin River Basin

County Assessor Parcel Number(s) for dairy facility:

X019-X041-X043-XXXX

B. OPERATORS

Haringa, Earl

Operator name: Haringa, Earl

Telephone no.: (209) 874-2250 (Landline) (Cellular)

P.O. Box 943	Denair	CA	95316
Mailing Address Number and Street	City	State	Zip Code

This operator is responsible for paying permit fees.

C. OWNERS

Haringa, Earl

Legal owner name: Haringa, Earl

Telephone no.: (209) 874-2250 (Landline) (Cellular)

P.O. Box 943	Denair	CA	95316
Mailing Address Number and Street	City	State	Zip Code

This owner is responsible for paying permit fees.

Annual Report - General Order No. R5-2007-0035
Reporting period 01/01/2023 to 12/31/2023.

AVAILABLE NUTRIENTS

A. HERD INFORMATION

	Milk Cows	Dry Cows	Bred Heifers (15-24 mo.)	Heifers (7-14 mo. to breeding)	Calves (4-6 mo.)	Calves (0-3 mo.)
Number open confinement	0	251	0	0	100	0
Number under roof	1,627	0	0	0	0	0
Maximum number	1,642	292	0	0	100	0
Average number	1,627	251	0	0	100	0
Avg live weight (lbs)	1,400	1,450	0	0		

Predominant milk cow breed: Holstein

Average milk production: 75 *pounds per cow per day*

B. MANURE GENERATED

Total manure excreted by the herd: 46,709.54 *tons per reporting period*

Total nitrogen from manure: 609,063.75 *lbs per reporting period*

After ammonia losses (30% loss applied): 426,344.63 *lbs per reporting period*

Total phosphorus from manure: 101,080.73 *lbs per reporting period*

Total potassium from manure: 316,930.21 *lbs per reporting period*

Total salt from manure: 823,790.40 *lbs per reporting period*

C. PROCESS WASTEWATER GENERATED

Process wastewater generated: 54,240,000 *gallons*

Total nitrogen generated: 242,639.22 *lbs*

Total phosphorus generated: 29,204.03 *lbs*

Total potassium generated: 378,525.19 *lbs*

Total salt generated: 2,073,398.70 *lbs*

	54,240,000	*gallons applied*
+	0	*gallons exported*
-	0	*gallons imported*
=	54,240,000	*gallons generated*

D. FRESH WATER SOURCES

Source Description	Type
IW North	Ground water
IW South	Ground water
TID Highline Canal	Surface water

E. SUBSURFACE (TILE) DRAINAGE SOURCES

No subsurface (tile) drainage sources entered.

F. NUTRIENT IMPORTS

No dry manure nutrient imports entered.

No process wastewater nutrient imports entered.

No commercial or other nutrient imports entered.

G. NUTRIENT EXPORTS

Date	Material type	Quantity	Reporting basis	Moisture (%)	Density (lbs/cu ft)	N (mg/kg)	P (mg/kg)	K (mg/kg)	Salt (mg/kg)	TFS (%)
01/27/2023	Corral solids	1,675.00 *ton*	Dry-weight	68.2		28,000.00	4,200.00	11,500.00		31.78
12/11/2023	Corral solids	7,650.00 *ton*	Dry-weight	68.2		28,000.00	4,200.00	11,500.00		31.78

No liquid nutrient exports entered.

Material type	Total N (lbs)	Total P (lbs)	Total K (lbs)	Total salt (lbs)
Dry manure	166,059.60	24,908.94	68,203.05	1,884,776.46
Process wastewater	0.00	0.00	0.00	0.00
Total exports for all materials	166,059.60	24,908.94	68,203.05	1,884,776.46

APPLICATION AREA

A. LIST OF LAND APPLICATION AREAS

Field name	Controlled acres	Cropable acres	Total harvests	Type of waste applied	Parcel number
Field 1 (West)	138	138	2	process wastewater	X019-X041-X045-XXXX
Field 2 (North)	64	64	2	process wastewater	X019-X041-X043-XXXX
Field 3 (South)	70	70	2	process wastewater	X019-X041-X043-XXXX
Field 4 (East)	159	159	2	process wastewater	X019-X041-X043-XXXX X019-X041-X046-XXXX
Totals for areas that were used for application	431	431	8		
Totals for areas that were not used for application					
Land application area totals	431	431	8		

B. CROPS AND HARVESTS

Field 1 (West)

Field name: Field 1 (West)

11/17/2022: Wheat, silage, soft dough

Crop: Wheat, silage, soft dough Acres planted: 138 Plant date: 11/17/2022

Harvest date	Yield	Reporting basis	Density (lbs/cu ft)	Moisture (%)	N (mg/kg)	P (mg/kg)	K (mg/kg)	Salt (mg/kg)	TFS (%)
05/11/2023	2,529.70 *ton*	As-is		66.5	5,400.00	1,300.00	9,200.00		8.70

	Yield (tons/acre)	Total N (lbs/acre)	Total P (lbs/acre)	Total K (lbs/acre)	Salt (lbs/acre)
Anticipated harvest content	15.00	165.00	25.50	124.50	0.00
Total actual harvest content	18.33	197.98	47.66	337.29	1,068.52

Field 1 (West)

06/12/2023: Corn, silage

Crop: Corn, silage Acres planted: 118 Plant date: 06/12/2023

Harvest date	Yield	Reporting basis	Density (lbs/cu ft)	Moisture (%)	N (mg/kg)	P (mg/kg)	K (mg/kg)	Salt (mg/kg)	TFS (%)
10/11/2023	2,745.40 *ton*	As-is		61.3	5,700.00	1,100.00	6,300.00		2.40

	Yield (tons/acre)	Total N (lbs/acre)	Total P (lbs/acre)	Total K (lbs/acre)	Salt (lbs/acre)
Anticipated harvest content	25.00	200.00	37.50	165.00	0.00
Total actual harvest content	23.27	265.23	51.19	293.15	432.19

Field 2 (North)

Field name: Field 2 (North)

11/19/2022: Wheat, silage, soft dough

Crop: Wheat, silage, soft dough Acres planted: 64 Plant date: 11/19/2022

Harvest date	Yield	Reporting basis	Density (lbs/cu ft)	Moisture (%)	N (mg/kg)	P (mg/kg)	K (mg/kg)	Salt (mg/kg)	TFS (%)
05/13/2023	1,241.00 *ton*	As-is		66.4	5,400.00	1,200.00	11,000.00		10.30

	Yield (tons/acre)	Total N (lbs/acre)	Total P (lbs/acre)	Total K (lbs/acre)	Salt (lbs/acre)
Anticipated harvest content	15.00	165.00	25.50	124.50	0.00
Total actual harvest content	19.39	209.42	46.54	426.59	1,342.14

06/13/2023: Corn, silage

Crop: Corn, silage Acres planted: 64 Plant date: 06/13/2023

Harvest date	Yield	Reporting basis	Density (lbs/cu ft)	Moisture (%)	N (mg/kg)	P (mg/kg)	K (mg/kg)	Salt (mg/kg)	TFS (%)
10/12/2023	1,542.00 *ton*	As-is		63.4	5,200.00	1,100.00	5,100.00		5.20

	Yield (tons/acre)	Total N (lbs/acre)	Total P (lbs/acre)	Total K (lbs/acre)	Salt (lbs/acre)
Anticipated harvest content	25.00	200.00	37.50	165.00	0.00
Total actual harvest content	24.09	250.58	53.01	245.76	917.10

Field 3 (South)

Field name: Field 3 (South)

11/19/2022: Wheat, silage, soft dough

Crop: Wheat, silage, soft dough Acres planted: 70 Plant date: 11/19/2022

Harvest date	Yield	Reporting basis	Density (lbs/cu ft)	Moisture (%)	N (mg/kg)	P (mg/kg)	K (mg/kg)	Salt (mg/kg)	TFS (%)
05/13/2023	1,075.00 *ton*	As-is		61.7	6,400.00	1,300.00	12,400.00		9.70

	Yield (tons/acre)	Total N (lbs/acre)	Total P (lbs/acre)	Total K (lbs/acre)	Salt (lbs/acre)
Anticipated harvest content	15.00	165.00	25.50	124.50	0.00
Total actual harvest content	15.36	196.57	39.93	380.86	1,141.07

06/22/2023: Corn, silage

Crop: Corn, silage Acres planted: 70 Plant date: 06/22/2023

Harvest date	Yield	Reporting basis	Density (lbs/cu ft)	Moisture (%)	N (mg/kg)	P (mg/kg)	K (mg/kg)	Salt (mg/kg)	TFS (%)
10/23/2023	1,970.00 *ton*	As-is		63.4	4,100.00	900.00	5,100.00		5.30

	Yield (tons/acre)	Total N (lbs/acre)	Total P (lbs/acre)	Total K (lbs/acre)	Salt (lbs/acre)
Anticipated harvest content	25.00	200.00	37.50	165.00	0.00
Total actual harvest content	28.14	230.77	50.66	287.06	1,091.83

Field 4 (East)

Field name: Field 4 (East)

11/18/2022: Wheat, silage, soft dough

Crop: Wheat, silage, soft dough Acres planted: 159 Plant date: 11/18/2022

Harvest date	Yield	Reporting basis	Density (lbs/cu ft)	Moisture (%)	N (mg/kg)	P (mg/kg)	K (mg/kg)	Salt (mg/kg)	TFS (%)
05/12/2023	3,054.00 *ton*	As-is		69.6	5,900.00	1,200.00	10,500.00		11.80

	Yield (tons/acre)	Total N (lbs/acre)	Total P (lbs/acre)	Total K (lbs/acre)	Salt (lbs/acre)
Anticipated harvest content	15.00	165.00	25.50	124.50	0.00
Total actual harvest content	19.21	226.65	46.10	403.36	1,378.03

Field 4 (East)

06/11/2023: Corn, silage

Crop: Corn, silage Acres planted: 130 Plant date: 06/11/2023

Harvest date	Yield	Reporting basis	Density (lbs/cu ft)	Moisture (%)	N (mg/kg)	P (mg/kg)	K (mg/kg)	Salt (mg/kg)	TFS (%)
10/10/2023	3,354.00 *ton*	As-is		60.5	5,200.00	1,100.00	5,200.00		5.40

	Yield (tons/acre)	Total N (lbs/acre)	Total P (lbs/acre)	Total K (lbs/acre)	Salt (lbs/acre)
Anticipated harvest content	25.00	200.00	37.50	165.00	0.00
Total actual harvest content	25.80	268.32	56.76	268.32	1,100.63

NUTRIENT BUDGET

A. LAND APPLICATIONS

Field 1 (West) - 11/17/2022: Wheat, silage, soft dough

Field name: Field 1 (West)

Crop: Wheat, silage, soft dough — Plant date: 11/17/2022

Application date	Application method	Precipitation 24 hours prior	Precipitation during application	Precipitation 24 hours following
10/22/2022	Surface (irrigation)	No precipitation	No precipitation	No precipitation

Source description	Material type	N (lbs/acre)	P (lbs/acre)	K (lbs/acre)	Salt (lbs/acre)	Amount
WWS	Process wastewater	66.35	13.27	99.62	487.64	2,880,000.00 *gal*
TID Highline Canal	Surface water	0.00	0.00	0.00	0.00	19,920,000.00 *gal*
Application event totals		66.35	13.27	99.62	487.64	

Application date	Application method	Precipitation 24 hours prior	Precipitation during application	Precipitation 24 hours following
02/19/2023	Surface (irrigation)	No precipitation	No precipitation	No precipitation

Source description	Material type	N (lbs/acre)	P (lbs/acre)	K (lbs/acre)	Salt (lbs/acre)	Amount
WWS	Process wastewater	76.67	7.54	120.95	613.90	2,160,000.00 *gal*
IW North	Ground water	7.79	0.00	0.00	268.85	18,000,000.00 *gal*
Application event totals		84.47	7.54	120.95	882.76	

Application date	Application method	Precipitation 24 hours prior	Precipitation during application	Precipitation 24 hours following
04/02/2023	Surface (irrigation)	No precipitation	No precipitation	No precipitation

Source description	Material type	N (lbs/acre)	P (lbs/acre)	K (lbs/acre)	Salt (lbs/acre)	Amount
WWS	Process wastewater	117.38	14.68	191.57	853.37	2,880,000.00 *gal*
TID Highline Canal	Surface water	0.00	0.00	0.00	37.12	18,600,000.00 *gal*
Application event totals		117.38	14.68	191.57	890.48	

Field 1 (West) - 06/12/2023: Corn, silage

Field name: Field 1 (West)

Crop: Corn, silage — Plant date: 06/12/2023

Application date	Application method	Precipitation 24 hours prior	Precipitation during application	Precipitation 24 hours following

Field 1 (West) - 06/12/2023: Corn, silage

Application date	Application method	Precipitation 24 hours prior	Precipitation during application	Precipitation 24 hours following
05/26/2023	Surface (irrigation)	No precipitation	No precipitation	No precipitation

Source description	Material type	N (lbs/acre)	P (lbs/acre)	K (lbs/acre)	Salt (lbs/acre)	Amount
TID Highline Canal	Surface water	0.00	0.00	0.00	43.41	18,600,000.00 *gal*
Application event totals		0.00	0.00	0.00	43.41	

Application date	Application method	Precipitation 24 hours prior	Precipitation during application	Precipitation 24 hours following
07/13/2023	Surface (irrigation)	No precipitation	No precipitation	No precipitation

Source description	Material type	N (lbs/acre)	P (lbs/acre)	K (lbs/acre)	Salt (lbs/acre)	Amount
TID Highline Canal	Surface water	0.00	0.00	0.00	41.45	17,760,000.00 *gal*
Application event totals		0.00	0.00	0.00	41.45	

Application date	Application method	Precipitation 24 hours prior	Precipitation during application	Precipitation 24 hours following
07/27/2023	Surface (irrigation)	No precipitation	No precipitation	No precipitation

Source description	Material type	N (lbs/acre)	P (lbs/acre)	K (lbs/acre)	Salt (lbs/acre)	Amount
WWS	Process wastewater	192.83	21.10	298.69	1,799.97	5,040,000.00 *gal*
TID Highline Canal	Surface water	0.00	0.00	0.00	38.93	16,680,000.00 *gal*
Application event totals		192.83	21.10	298.69	1,838.90	

Application date	Application method	Precipitation 24 hours prior	Precipitation during application	Precipitation 24 hours following
08/10/2023	Surface (irrigation)	No precipitation	No precipitation	No precipitation

Source description	Material type	N (lbs/acre)	P (lbs/acre)	K (lbs/acre)	Salt (lbs/acre)	Amount
TID Highline Canal	Surface water	0.00	0.00	0.00	38.65	16,560,000.00 *gal*
Application event totals		0.00	0.00	0.00	38.65	

Application date	Application method	Precipitation 24 hours prior	Precipitation during application	Precipitation 24 hours following
08/24/2023	Surface (irrigation)	No precipitation	No precipitation	No precipitation

Source description	Material type	N (lbs/acre)	P (lbs/acre)	K (lbs/acre)	Salt (lbs/acre)	Amount
WWS	Process wastewater	165.28	18.09	256.02	1,542.83	4,320,000.00 *gal*
TID Highline Canal	Surface water	0.00	0.00	0.00	36.97	15,840,000.00 *gal*
Application event totals		165.28	18.09	256.02	1,579.80	

Application date	Application method	Precipitation 24 hours prior	Precipitation during application	Precipitation 24 hours following
09/07/2023	Surface (irrigation)	No precipitation	No precipitation	No precipitation

Source description	Material type	N (lbs/acre)	P (lbs/acre)	K (lbs/acre)	Salt (lbs/acre)	Amount
TID Highline Canal	Surface water	0.00	0.00	0.00	36.41	15,600,000.00 *gal*
Application event totals		0.00	0.00	0.00	36.41	

Field 1 (West) - 06/12/2023: Corn, silage

Application date	Application method	Precipitation 24 hours prior	Precipitation during application	Precipitation 24 hours following
09/21/2023	Surface (irrigation)	No precipitation	No precipitation	No precipitation

Source description	Material type	N (lbs/acre)	P (lbs/acre)	K (lbs/acre)	Salt (lbs/acre)	Amount
TID Highline Canal	Surface water	0.00	0.00	0.00	36.69	15,720,000.00 *gal*
Application event totals		0.00	0.00	0.00	36.69	

Field 2 (North) - 11/19/2022: Wheat, silage, soft dough

Field name: Field 2 (North)

Crop: Wheat, silage, soft dough

Plant date: 11/19/2022

Application date	Application method	Precipitation 24 hours prior	Precipitation during application	Precipitation 24 hours following
10/30/2022	Surface (irrigation)	No precipitation	No precipitation	No precipitation

Source description	Material type	N (lbs/acre)	P (lbs/acre)	K (lbs/acre)	Salt (lbs/acre)	Amount
WWS	Process wastewater	71.54	14.31	107.40	525.74	1,440,000.00 *gal*
TID Highline Canal	Surface water	0.00	0.00	0.00	0.00	10,200,000.00 *gal*
Application event totals		71.54	14.31	107.40	525.74	

Application date	Application method	Precipitation 24 hours prior	Precipitation during application	Precipitation 24 hours following
02/12/2023	Surface (irrigation)	No precipitation	No precipitation	No precipitation

Source description	Material type	N (lbs/acre)	P (lbs/acre)	K (lbs/acre)	Salt (lbs/acre)	Amount
WWS	Process wastewater	82.66	8.13	130.40	661.86	1,080,000.00 *gal*
IW North	Ground water	6.72	0.00	0.00	231.89	7,200,000.00 *gal*
Application event totals		89.38	8.13	130.40	893.75	

Application date	Application method	Precipitation 24 hours prior	Precipitation during application	Precipitation 24 hours following
03/18/2023	Surface (irrigation)	No precipitation	No precipitation	No precipitation

Source description	Material type	N (lbs/acre)	P (lbs/acre)	K (lbs/acre)	Salt (lbs/acre)	Amount
WWS	Process wastewater	110.22	10.83	173.87	882.48	1,440,000.00 *gal*
IW North	Ground water	7.17	0.00	0.00	247.35	7,680,000.00 *gal*
Application event totals		117.39	10.83	173.87	1,129.83	

Field 2 (North) - 06/13/2023: Corn, silage

Field 2 (North) - 06/13/2023: Corn, silage

Field name: Field 2 (North)

Crop: Corn, silage

Plant date: 06/13/2023

Application date	Application method	Precipitation 24 hours prior	Precipitation during application	Precipitation 24 hours following
05/30/2023	Surface (irrigation)	No precipitation	No precipitation	No precipitation

Source description	Material type	N (lbs/acre)	P (lbs/acre)	K (lbs/acre)	Salt (lbs/acre)	Amount
TID Highline Canal	Surface water	0.00	0.00	0.00	50.34	11,700,000.00 *gal*
Application event totals		0.00	0.00	0.00	50.34	

Application date	Application method	Precipitation 24 hours prior	Precipitation during application	Precipitation 24 hours following
07/17/2023	Surface (irrigation)	No precipitation	No precipitation	No precipitation

Source description	Material type	N (lbs/acre)	P (lbs/acre)	K (lbs/acre)	Salt (lbs/acre)	Amount
TID Highline Canal	Surface water	0.00	0.00	0.00	48.41	11,250,000.00 *gal*
Application event totals		0.00	0.00	0.00	48.41	

Application date	Application method	Precipitation 24 hours prior	Precipitation during application	Precipitation 24 hours following
07/31/2023	Surface (irrigation)	No precipitation	No precipitation	No precipitation

Source description	Material type	N (lbs/acre)	P (lbs/acre)	K (lbs/acre)	Salt (lbs/acre)	Amount
WWS	Process wastewater	190.46	20.84	295.02	1,777.88	2,700,000.00 *gal*
TID Highline Canal	Surface water	0.00	0.00	0.00	46.47	10,800,000.00 *gal*
Application event totals		190.46	20.84	295.02	1,824.35	

Application date	Application method	Precipitation 24 hours prior	Precipitation during application	Precipitation 24 hours following
08/14/2023	Surface (irrigation)	No precipitation	No precipitation	No precipitation

Source description	Material type	N (lbs/acre)	P (lbs/acre)	K (lbs/acre)	Salt (lbs/acre)	Amount
TID Highline Canal	Surface water	0.00	0.00	0.00	46.47	10,800,000.00 *gal*
Application event totals		0.00	0.00	0.00	46.47	

Application date	Application method	Precipitation 24 hours prior	Precipitation during application	Precipitation 24 hours following
08/28/2023	Surface (irrigation)	No precipitation	No precipitation	No precipitation

Source description	Material type	N (lbs/acre)	P (lbs/acre)	K (lbs/acre)	Salt (lbs/acre)	Amount
WWS	Process wastewater	152.37	16.67	236.02	1,422.30	2,160,000.00 *gal*
TID Highline Canal	Surface water	0.00	0.00	0.00	45.18	10,500,000.00 *gal*
Application event totals		152.37	16.67	236.02	1,467.48	

Field 2 (North) - 06/13/2023: Corn, silage

Application date	Application method	Precipitation 24 hours prior	Precipitation during application	Precipitation 24 hours following
09/11/2023	Surface (irrigation)	No precipitation	No precipitation	No precipitation

Source description	Material type	N (lbs/acre)	P (lbs/acre)	K (lbs/acre)	Salt (lbs/acre)	Amount
TID Highline Canal	Surface water	0.00	0.00	0.00	42.60	9,900,000.00 *gal*
Application event totals		0.00	0.00	0.00	42.60	

Application date	Application method	Precipitation 24 hours prior	Precipitation during application	Precipitation 24 hours following
09/25/2023	Surface (irrigation)	No precipitation	No precipitation	No precipitation

Source description	Material type	N (lbs/acre)	P (lbs/acre)	K (lbs/acre)	Salt (lbs/acre)	Amount
TID Highline Canal	Surface water	0.00	0.00	0.00	42.60	9,900,000.00 *gal*
Application event totals		0.00	0.00	0.00	42.60	

Field 3 (South) - 11/19/2022: Wheat, silage, soft dough

Field name: Field 3 (South)

Crop: Wheat, silage, soft dough

Plant date: 11/19/2022

Application date	Application method	Precipitation 24 hours prior	Precipitation during application	Precipitation 24 hours following
11/01/2022	Surface (irrigation)	No precipitation	No precipitation	No precipitation

Source description	Material type	N (lbs/acre)	P (lbs/acre)	K (lbs/acre)	Salt (lbs/acre)	Amount
WWS	Process wastewater	65.41	13.08	98.19	480.67	1,440,000.00 *gal*
TID Highline Canal	Surface water	0.00	0.00	0.00	0.00	12,300,000.00 *gal*
Application event totals		65.41	13.08	98.19	480.67	

Application date	Application method	Precipitation 24 hours prior	Precipitation during application	Precipitation 24 hours following
02/14/2023	Surface (irrigation)	No precipitation	No precipitation	No precipitation

Source description	Material type	N (lbs/acre)	P (lbs/acre)	K (lbs/acre)	Salt (lbs/acre)	Amount
WWS	Process wastewater	75.58	7.43	119.22	605.13	1,080,000.00 *gal*
IW South	Ground water	2.42	0.00	0.00	156.56	8,640,000.00 *gal*
Application event totals		78.00	7.43	119.22	761.69	

Field 3 (South) - 11/19/2022: Wheat, silage, soft dough

Application date	Application method	Precipitation 24 hours prior	Precipitation during application	Precipitation 24 hours following
03/20/2023	Surface (irrigation)	No precipitation	No precipitation	No precipitation

Source description	Material type	N (lbs/acre)	P (lbs/acre)	K (lbs/acre)	Salt (lbs/acre)	Amount
WWS	Process wastewater	100.77	9.91	158.97	806.84	1,440,000.00 *gal*
IW South	Ground water	2.56	0.00	0.00	165.26	9,120,000.00 *gal*
Application event totals		103.32	9.91	158.97	972.10	

Field 3 (South) - 06/22/2023: Corn, silage

Field name: Field 3 (South)

Crop: Corn, silage

Plant date: 06/22/2023

Application date	Application method	Precipitation 24 hours prior	Precipitation during application	Precipitation 24 hours following
06/07/2023	Surface (irrigation)	No precipitation	No precipitation	No precipitation

Source description	Material type	N (lbs/acre)	P (lbs/acre)	K (lbs/acre)	Salt (lbs/acre)	Amount
TID Highline Canal	Surface water	0.00	0.00	0.00	47.80	12,150,000.00 *gal*
Application event totals		0.00	0.00	0.00	47.80	

Application date	Application method	Precipitation 24 hours prior	Precipitation during application	Precipitation 24 hours following
07/25/2023	Surface (irrigation)	No precipitation	No precipitation	No precipitation

Source description	Material type	N (lbs/acre)	P (lbs/acre)	K (lbs/acre)	Salt (lbs/acre)	Amount
TID Highline Canal	Surface water	0.00	0.00	0.00	44.85	11,400,000.00 *gal*
Application event totals		0.00	0.00	0.00	44.85	

Application date	Application method	Precipitation 24 hours prior	Precipitation during application	Precipitation 24 hours following
08/08/2023	Surface (irrigation)	No precipitation	No precipitation	No precipitation

Source description	Material type	N (lbs/acre)	P (lbs/acre)	K (lbs/acre)	Salt (lbs/acre)	Amount
WWS	Process wastewater	174.14	19.06	269.73	1,625.49	2,700,000.00 *gal*
TID Highline Canal	Surface water	0.00	0.00	0.00	44.26	11,250,000.00 *gal*
Application event totals		174.14	19.06	269.73	1,669.75	

Field 3 (South) - 06/22/2023: Corn, silage

Application date	Application method	Precipitation 24 hours prior	Precipitation during application	Precipitation 24 hours following
08/22/2023	Surface (irrigation)	No precipitation	No precipitation	No precipitation

Source description	Material type	N (lbs/acre)	P (lbs/acre)	K (lbs/acre)	Salt (lbs/acre)	Amount
TID Highline Canal	Surface water	0.00	0.00	0.00	42.49	10,800,000.00 *gal*
Application event totals		0.00	0.00	0.00	42.49	

Application date	Application method	Precipitation 24 hours prior	Precipitation during application	Precipitation 24 hours following
09/05/2023	Surface (irrigation)	No precipitation	No precipitation	No precipitation

Source description	Material type	N (lbs/acre)	P (lbs/acre)	K (lbs/acre)	Salt (lbs/acre)	Amount
WWS	Process wastewater	139.31	15.24	215.79	1,300.39	2,160,000.00 *gal*
TID Highline Canal	Surface water	0.00	0.00	0.00	41.31	10,500,000.00 *gal*
Application event totals		139.31	15.24	215.79	1,341.70	

Application date	Application method	Precipitation 24 hours prior	Precipitation during application	Precipitation 24 hours following
09/19/2023	Surface (irrigation)	No precipitation	No precipitation	No precipitation

Source description	Material type	N (lbs/acre)	P (lbs/acre)	K (lbs/acre)	Salt (lbs/acre)	Amount
TID Highline Canal	Surface water	0.00	0.00	0.00	41.31	10,500,000.00 *gal*
Application event totals		0.00	0.00	0.00	41.31	

Application date	Application method	Precipitation 24 hours prior	Precipitation during application	Precipitation 24 hours following
10/03/2023	Surface (irrigation)	No precipitation	No precipitation	No precipitation

Source description	Material type	N (lbs/acre)	P (lbs/acre)	K (lbs/acre)	Salt (lbs/acre)	Amount
TID Highline Canal	Surface water	0.00	0.00	0.00	40.13	10,200,000.00 *gal*
Application event totals		0.00	0.00	0.00	40.13	

Field 4 (East) - 11/18/2022: Wheat, silage, soft dough

Field name: Field 4 (East)

Crop: Wheat, silage, soft dough

Plant date: 11/18/2022

Application date	Application method	Precipitation 24 hours prior	Precipitation during application	Precipitation 24 hours following

Field 4 (East) - 11/18/2022: Wheat, silage, soft dough

Application date	Application method	Precipitation 24 hours prior	Precipitation during application	Precipitation 24 hours following
10/26/2022	Surface (irrigation)	No precipitation	No precipitation	No precipitation

Source description	Material type	N (lbs/acre)	P (lbs/acre)	K (lbs/acre)	Salt (lbs/acre)	Amount
WWS	Process wastewater	71.99	14.40	108.08	529.04	3,600,000.00 *gal*
TID Highline Canal	Surface water	0.00	0.00	0.00	0.00	23,160,000.00 *gal*
Application event totals		71.99	14.40	108.08	529.04	

Application date	Application method	Precipitation 24 hours prior	Precipitation during application	Precipitation 24 hours following
02/23/2023	Surface (irrigation)	No precipitation	No precipitation	No precipitation

Source description	Material type	N (lbs/acre)	P (lbs/acre)	K (lbs/acre)	Salt (lbs/acre)	Amount
WWS	Process wastewater	88.73	8.72	139.97	710.43	2,880,000.00 *gal*
IW South	Ground water	2.37	0.00	0.00	153.17	19,200,000.00 *gal*
Application event totals		91.10	8.72	139.97	863.60	

Application date	Application method	Precipitation 24 hours prior	Precipitation during application	Precipitation 24 hours following
04/06/2023	Surface (irrigation)	No precipitation	No precipitation	No precipitation

Source description	Material type	N (lbs/acre)	P (lbs/acre)	K (lbs/acre)	Salt (lbs/acre)	Amount
WWS	Process wastewater	101.88	12.74	166.27	740.66	2,880,000.00 *gal*
TID Highline Canal	Surface water	0.00	0.00	0.00	36.58	21,120,000.00 *gal*
Application event totals		101.88	12.74	166.27	777.24	

Field 4 (East) - 06/11/2023: Corn, silage

Field name: Field 4 (East)

Crop: Corn, silage

Plant date: 06/11/2023

Application date	Application method	Precipitation 24 hours prior	Precipitation during application	Precipitation 24 hours following
05/22/2023	Surface (irrigation)	No precipitation	No precipitation	No precipitation

Source description	Material type	N (lbs/acre)	P (lbs/acre)	K (lbs/acre)	Salt (lbs/acre)	Amount
TID Highline Canal	Surface water	0.00	0.00	0.00	40.93	19,320,000.00 *gal*
Application event totals		0.00	0.00	0.00	40.93	

Field 4 (East) - 06/11/2023: Corn, silage

Application date	Application method	Precipitation 24 hours prior	Precipitation during application	Precipitation 24 hours following
07/09/2023	Surface (irrigation)	No precipitation	No precipitation	No precipitation

Source description	Material type	N (lbs/acre)	P (lbs/acre)	K (lbs/acre)	Salt (lbs/acre)	Amount
TID Highline Canal	Surface water	0.00	0.00	0.00	38.89	18,360,000.00 *gal*
Application event totals		0.00	0.00	0.00	38.89	

Application date	Application method	Precipitation 24 hours prior	Precipitation during application	Precipitation 24 hours following
07/23/2023	Surface (irrigation)	No precipitation	No precipitation	No precipitation

Source description	Material type	N (lbs/acre)	P (lbs/acre)	K (lbs/acre)	Salt (lbs/acre)	Amount
WWS	Process wastewater	187.53	20.52	290.48	1,750.52	5,400,000.00 *gal*
TID Highline Canal	Surface water	0.00	0.00	0.00	39.15	18,480,000.00 *gal*
Application event totals		187.53	20.52	290.48	1,789.67	

Application date	Application method	Precipitation 24 hours prior	Precipitation during application	Precipitation 24 hours following
08/06/2023	Surface (irrigation)	No precipitation	No precipitation	No precipitation

Source description	Material type	N (lbs/acre)	P (lbs/acre)	K (lbs/acre)	Salt (lbs/acre)	Amount
TID Highline Canal	Surface water	0.00	0.00	0.00	39.40	18,600,000.00 *gal*
Application event totals		0.00	0.00	0.00	39.40	

Application date	Application method	Precipitation 24 hours prior	Precipitation during application	Precipitation 24 hours following
08/20/2023	Surface (irrigation)	No precipitation	No precipitation	No precipitation

Source description	Material type	N (lbs/acre)	P (lbs/acre)	K (lbs/acre)	Salt (lbs/acre)	Amount
WWS	Process wastewater	158.36	17.33	245.30	1,478.22	4,560,000.00 *gal*
TID Highline Canal	Surface water	0.00	0.00	0.00	38.64	18,240,000.00 *gal*
Application event totals		158.36	17.33	245.30	1,516.86	

Application date	Application method	Precipitation 24 hours prior	Precipitation during application	Precipitation 24 hours following
09/03/2023	Surface (irrigation)	No precipitation	No precipitation	No precipitation

Source description	Material type	N (lbs/acre)	P (lbs/acre)	K (lbs/acre)	Salt (lbs/acre)	Amount
TID Highline Canal	Surface water	0.00	0.00	0.00	38.13	18,000,000.00 *gal*
Application event totals		0.00	0.00	0.00	38.13	

Application date	Application method	Precipitation 24 hours prior	Precipitation during application	Precipitation 24 hours following
09/17/2023	Surface (irrigation)	No precipitation	No precipitation	No precipitation

Source description	Material type	N (lbs/acre)	P (lbs/acre)	K (lbs/acre)	Salt (lbs/acre)	Amount
TID Highline Canal	Surface water	0.00	0.00	0.00	37.62	17,760,000.00 *gal*
Application event totals		0.00	0.00	0.00	37.62	

B. NUTRIENT BUDGET

Field 1 (West) - 11/17/2022: Wheat, silage, soft dough

Field name: Field 1 (West) Crop: Wheat, silage, soft dough Plant date: 11/17/2022

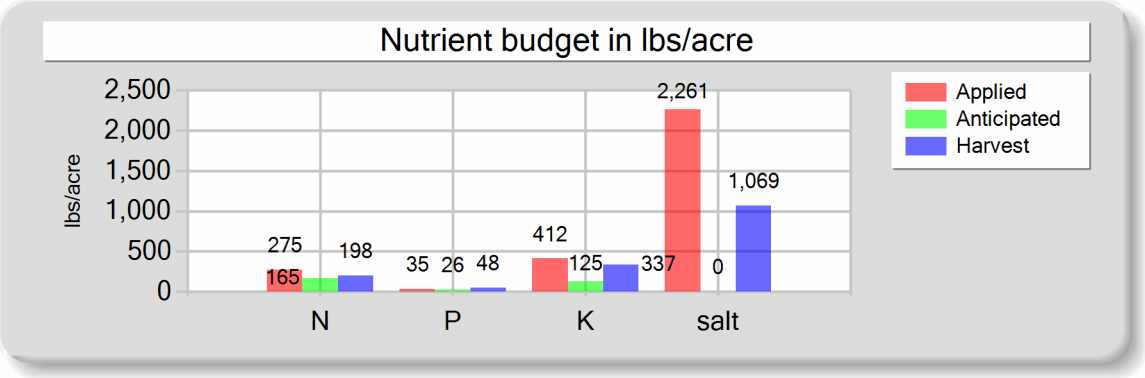

	Total N (lbs/acre)	Total P (lbs/acre)	Total K (lbs/acre)	Total salt (lbs/acre)
Existing soil nutrient content	0.00	0.00	0.00	0.00
Plowdown credit	0.00	0.00	0.00	0.00
Commercial fertilizer / Other	0.00	0.00	0.00	0.00
Dry manure	0.00	0.00	0.00	0.00
Process wastewater	260.41	35.49	412.14	1,954.91
Fresh water	7.79	0.00	0.00	305.97
Atmospheric deposition	7.00	0.00	0.00	0.00
Total nutrients applied	275.20	35.49	412.14	2,260.88
Anticipated crop nutrient removal	165.00	25.50	124.50	0.00
Actual crop nutrient removal	197.98	47.66	337.29	1,068.52
Nutrient balance	77.22	-12.17	74.85	1,192.35
Applied to removed ratio	1.39	0.74	1.22	2.12

Fresh water applied	
56,520,000.00	*gallons*
2,081.44	*acre-inches*
15.08	*inches/acre*

Process wastewater applied	
7,920,000.00	*gallons*
291.67	*acre-inches*
2.11	*inches/acre*

Total harvests for the crop	
1	*harvests*

Field 1 (West) - 06/12/2023: Corn, silage

Field name: Field 1 (West) Crop: Corn, silage Plant date: 06/12/2023

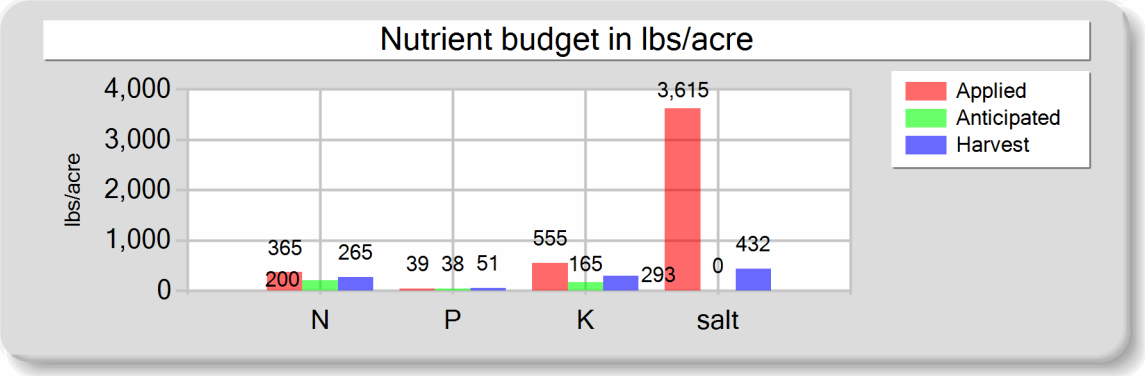

	Total N (lbs/acre)	Total P (lbs/acre)	Total K (lbs/acre)	Total salt (lbs/acre)
Existing soil nutrient content	0.00	0.00	0.00	0.00
Plowdown credit	0.00	0.00	0.00	0.00
Commercial fertilizer / Other	0.00	0.00	0.00	0.00
Dry manure	0.00	0.00	0.00	0.00
Process wastewater	358.11	39.19	554.71	3,342.81
Fresh water	0.00	0.00	0.00	272.49
Atmospheric deposition	7.00	0.00	0.00	0.00
Total nutrients applied	365.11	39.19	554.71	3,615.30
Anticipated crop nutrient removal	200.00	37.50	165.00	0.00
Actual crop nutrient removal	265.23	51.19	293.15	432.19
Nutrient balance	99.88	-12.00	261.55	3,183.11
Applied to removed ratio	1.38	0.77	1.89	8.37

Fresh water applied	
116,760,000.00	*gallons*
4,299.87	*acre-inches*
36.44	*inches/acre*

Process wastewater applied	
9,360,000.00	*gallons*
344.70	*acre-inches*
2.92	*inches/acre*

Total harvests for the crop	
1	*harvests*

Field 2 (North) - 11/19/2022: Wheat, silage, soft dough

Field name: Field 2 (North) Crop: Wheat, silage, soft dough Plant date: 11/19/2022

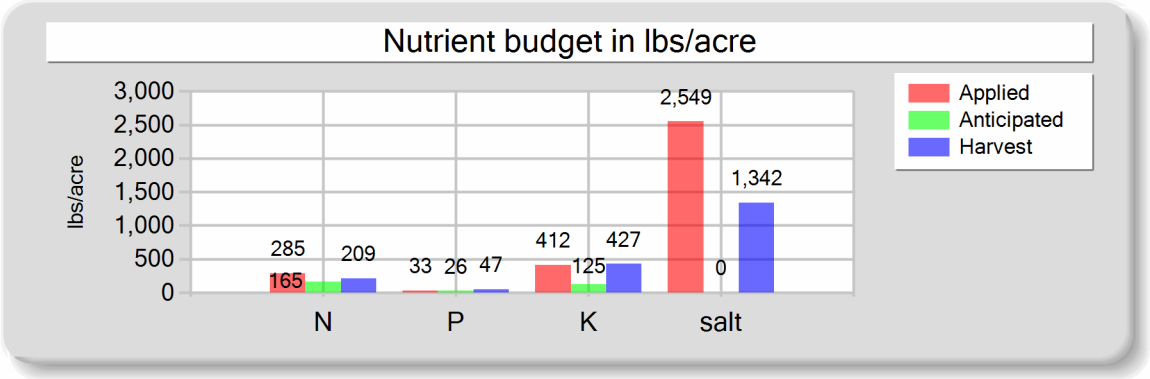

	Total N (lbs/acre)	Total P (lbs/acre)	Total K (lbs/acre)	Total salt (lbs/acre)
Existing soil nutrient content	0.00	0.00	0.00	0.00
Plowdown credit	0.00	0.00	0.00	0.00
Commercial fertilizer / Other	0.00	0.00	0.00	0.00
Dry manure	0.00	0.00	0.00	0.00
Process wastewater	264.42	33.27	411.67	2,070.08
Fresh water	13.89	0.00	0.00	479.23
Atmospheric deposition	7.00	0.00	0.00	0.00
Total nutrients applied	285.31	33.27	411.67	2,549.31
Anticipated crop nutrient removal	165.00	25.50	124.50	0.00
Actual crop nutrient removal	209.42	46.54	426.59	1,342.14
Nutrient balance	75.89	-13.27	-14.92	1,207.17
Applied to removed ratio	1.36	0.71	0.97	1.90

Fresh water applied	
25,080,000.00	*gallons*
923.61	*acre-inches*
14.43	*inches/acre*

Process wastewater applied	
3,960,000.00	*gallons*
145.83	*acre-inches*
2.28	*inches/acre*

Total harvests for the crop	
1	*harvests*

Field 2 (North) - 06/13/2023: Corn, silage

Field name: Field 2 (North) Crop: Corn, silage Plant date: 06/13/2023

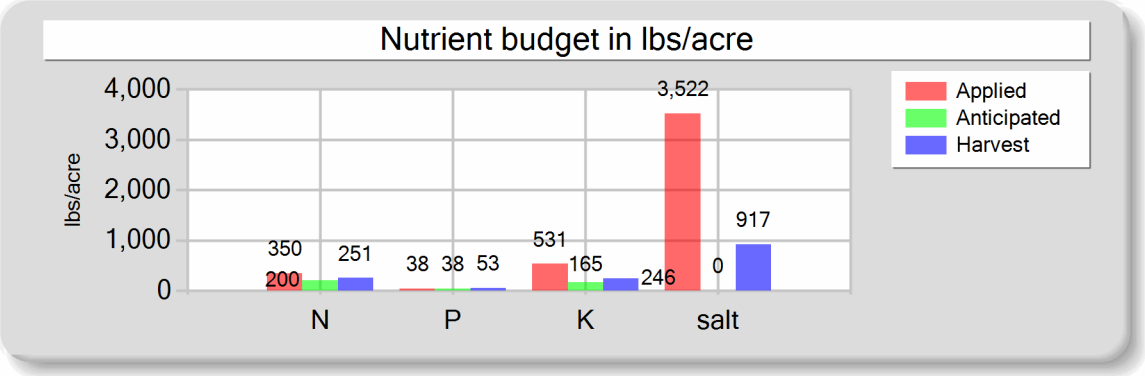

	Total N (lbs/acre)	Total P (lbs/acre)	Total K (lbs/acre)	Total salt (lbs/acre)
Existing soil nutrient content	0.00	0.00	0.00	0.00
Plowdown credit	0.00	0.00	0.00	0.00
Commercial fertilizer / Other	0.00	0.00	0.00	0.00
Dry manure	0.00	0.00	0.00	0.00
Process wastewater	342.83	37.51	531.04	3,200.18
Fresh water	0.00	0.00	0.00	322.07
Atmospheric deposition	7.00	0.00	0.00	0.00
Total nutrients applied	349.83	37.51	531.04	3,522.25
Anticipated crop nutrient removal	200.00	37.50	165.00	0.00
Actual crop nutrient removal	250.58	53.01	245.76	917.10
Nutrient balance	99.26	-15.49	285.28	2,605.14
Applied to removed ratio	1.40	0.71	2.16	3.84

Fresh water applied	
74,850,000.00	*gallons*
2,756.47	*acre-inches*
43.07	*inches/acre*

Process wastewater applied	
4,860,000.00	*gallons*
178.98	*acre-inches*
2.80	*inches/acre*

Total harvests for the crop	
1	*harvests*

Field 3 (South) - 11/19/2022: Wheat, silage, soft dough

Field name: Field 3 (South) Crop: Wheat, silage, soft dough Plant date: 11/19/2022

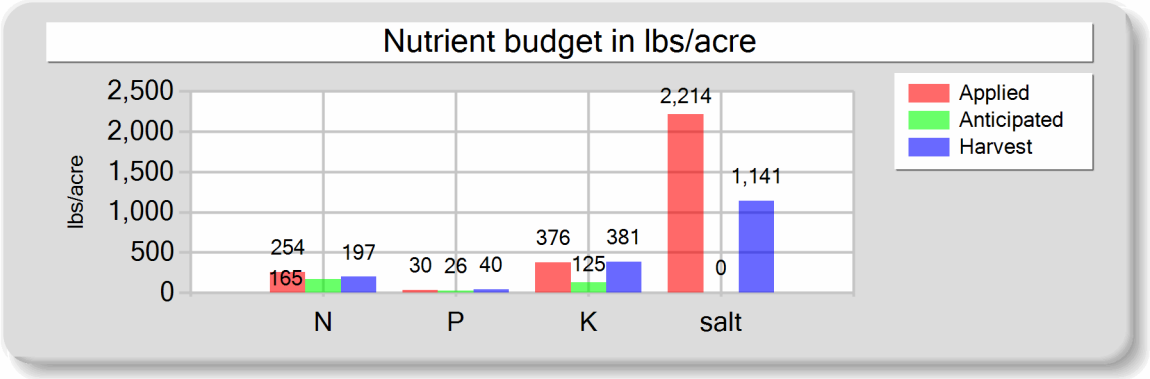

	Total N (lbs/acre)	Total P (lbs/acre)	Total K (lbs/acre)	Total salt (lbs/acre)
Existing soil nutrient content	0.00	0.00	0.00	0.00
Plowdown credit	0.00	0.00	0.00	0.00
Commercial fertilizer / Other	0.00	0.00	0.00	0.00
Dry manure	0.00	0.00	0.00	0.00
Process wastewater	241.75	30.42	376.38	1,892.65
Fresh water	4.98	0.00	0.00	321.82
Atmospheric deposition	7.00	0.00	0.00	0.00
Total nutrients applied	253.73	30.42	376.38	2,214.47
Anticipated crop nutrient removal	165.00	25.50	124.50	0.00
Actual crop nutrient removal	196.57	39.93	380.86	1,141.07
Nutrient balance	57.16	-9.51	-4.47	1,073.40
Applied to removed ratio	1.29	0.76	0.99	1.94

Fresh water applied	
30,060,000.00	*gallons*
1,107.01	*acre-inches*
15.81	*inches/acre*

Process wastewater applied	
3,960,000.00	*gallons*
145.83	*acre-inches*
2.08	*inches/acre*

Total harvests for the crop	
1	*harvests*

Field 3 (South) - 06/22/2023: Corn, silage

Field name: Field 3 (South) Crop: Corn, silage Plant date: 06/22/2023

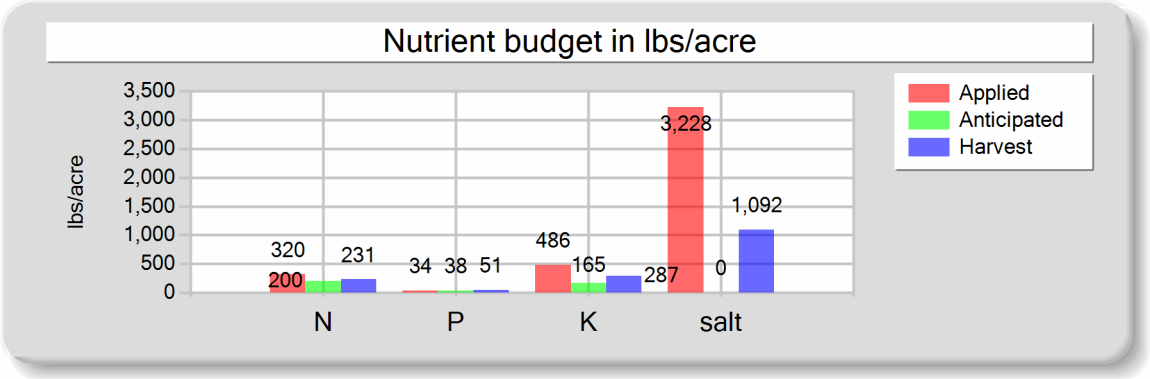

	Total N (lbs/acre)	Total P (lbs/acre)	Total K (lbs/acre)	Total salt (lbs/acre)
Existing soil nutrient content	0.00	0.00	0.00	0.00
Plowdown credit	0.00	0.00	0.00	0.00
Commercial fertilizer / Other	0.00	0.00	0.00	0.00
Dry manure	0.00	0.00	0.00	0.00
Process wastewater	313.45	34.30	485.52	2,925.88
Fresh water	0.00	0.00	0.00	302.14
Atmospheric deposition	7.00	0.00	0.00	0.00
Total nutrients applied	320.45	34.30	485.52	3,228.01
Anticipated crop nutrient removal	200.00	37.50	165.00	0.00
Actual crop nutrient removal	230.77	50.66	287.06	1,091.83
Nutrient balance	89.67	-16.36	198.46	2,136.18
Applied to removed ratio	1.39	0.68	1.69	2.96

Fresh water applied	
76,800,000.00	*gallons*
2,828.28	*acre-inches*
40.40	*inches/acre*

Process wastewater applied	
4,860,000.00	*gallons*
178.98	*acre-inches*
2.56	*inches/acre*

Total harvests for the crop	
1	*harvests*

Field 4 (East) - 11/18/2022: Wheat, silage, soft dough

Field name: Field 4 (East) Crop: Wheat, silage, soft dough Plant date: 11/18/2022

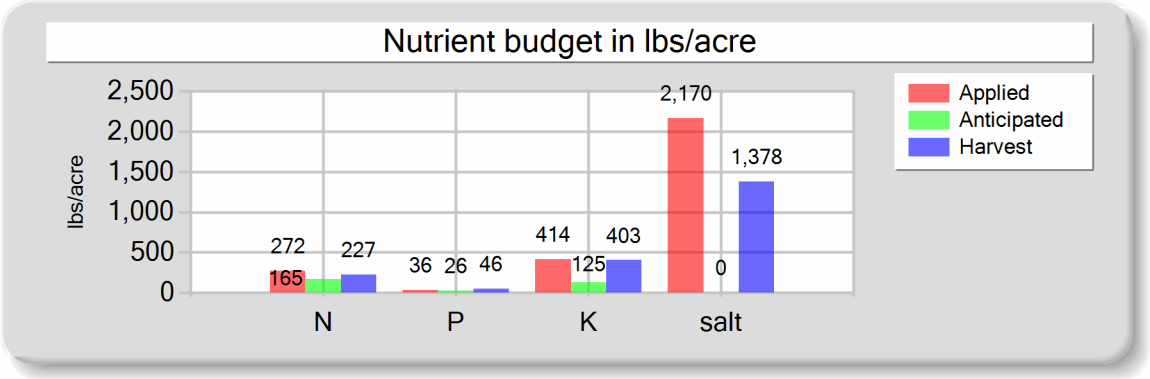

	Total N (lbs/acre)	Total P (lbs/acre)	Total K (lbs/acre)	Total salt (lbs/acre)
Existing soil nutrient content	0.00	0.00	0.00	0.00
Plowdown credit	0.00	0.00	0.00	0.00
Commercial fertilizer / Other	0.00	0.00	0.00	0.00
Dry manure	0.00	0.00	0.00	0.00
Process wastewater	262.59	35.86	414.32	1,980.13
Fresh water	2.37	0.00	0.00	189.75
Atmospheric deposition	7.00	0.00	0.00	0.00
Total nutrients applied	271.96	35.86	414.32	2,169.88
Anticipated crop nutrient removal	165.00	25.50	124.50	0.00
Actual crop nutrient removal	226.65	46.10	403.36	1,378.03
Nutrient balance	45.31	-10.24	10.96	791.85
Applied to removed ratio	1.20	0.78	1.03	1.57

Fresh water applied	
63,480,000.00	*gallons*
2,337.75	*acre-inches*
14.70	*inches/acre*

Process wastewater applied	
9,360,000.00	*gallons*
344.70	*acre-inches*
2.17	*inches/acre*

Total harvests for the crop	
1	*harvests*

Field 4 (East) - 06/11/2023: Corn, silage

Field name: Field 4 (East) Crop: Corn, silage Plant date: 06/11/2023

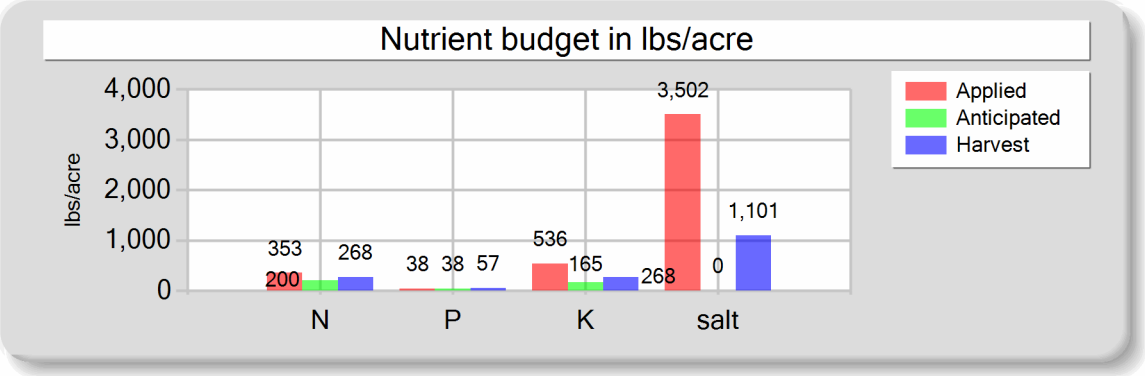

	Total N (lbs/acre)	Total P (lbs/acre)	Total K (lbs/acre)	Total salt (lbs/acre)
Existing soil nutrient content	0.00	0.00	0.00	0.00
Plowdown credit	0.00	0.00	0.00	0.00
Commercial fertilizer / Other	0.00	0.00	0.00	0.00
Dry manure	0.00	0.00	0.00	0.00
Process wastewater	345.89	37.85	535.78	3,228.74
Fresh water	0.00	0.00	0.00	272.76
Atmospheric deposition	7.00	0.00	0.00	0.00
Total nutrients applied	352.89	37.85	535.78	3,501.50
Anticipated crop nutrient removal	200.00	37.50	165.00	0.00
Actual crop nutrient removal	268.32	56.76	268.32	1,100.63
Nutrient balance	84.57	-18.91	267.46	2,400.87
Applied to removed ratio	1.32	0.67	2.00	3.18

Fresh water applied	
128,760,000.00	*gallons*
4,741.79	*acre-inches*
36.48	*inches/acre*

Process wastewater applied	
9,960,000.00	*gallons*
366.79	*acre-inches*
2.82	*inches/acre*

Total harvests for the crop	
1	*harvests*

NUTRIENT ANALYSES

A. MANURE ANALYSES

Corral Manure

Sample and source description: Corral Manure

Sample date: 05/04/2023 Material type: Corral solids Source of analysis: Lab analysis Method of reporting: Dry-weight

Moisture: 68.2 %

	Total N (mg/kg)	Total P (mg/kg)	Total K (mg/kg)	Calcium (mg/kg)	Magnesium (mg/kg)	Sodium (mg/kg)	Sulfur (mg/kg)	Chloride (mg/kg)	Total salt (mg/kg)	TFS (%)
Value	28,000.00	4,200.00	11,500.00							31.78
DL	0.01	0.01	0.01							0.01

Separator Solids

Sample and source description: Separator Solids

Sample date: 05/04/2023 Material type: Separator solids Source of analysis: Lab analysis Method of reporting: Dry-weight

Moisture: 26.5 %

	Total N (mg/kg)	Total P (mg/kg)	Total K (mg/kg)	Calcium (mg/kg)	Magnesium (mg/kg)	Sodium (mg/kg)	Sulfur (mg/kg)	Chloride (mg/kg)	Total salt (mg/kg)	TFS (%)
Value	8,400.00	3,100.00	15,700.00	0.00	0.00	0.00	0.00	0.00		0.00
DL	0.01	0.01	0.01	100.00	100.00	100.00	100.00	50.00		0.01

Corral Manure

Sample and source description: Corral Manure

Sample date: 10/19/2023 Material type: Corral solids Source of analysis: Lab analysis Method of reporting: Dry-weight

Moisture: 34.1 %

	Total N (mg/kg)	Total P (mg/kg)	Total K (mg/kg)	Calcium (mg/kg)	Magnesium (mg/kg)	Sodium (mg/kg)	Sulfur (mg/kg)	Chloride (mg/kg)	Total salt (mg/kg)	TFS (%)
Value	10,200.00	6,700.00	12,500.00							65.90
DL	0.01	0.01	0.01							0.01

Corral Manure

Sample and source description: Corral Manure

Sample date: 10/19/2023 Material type: Corral solids Source of analysis: Lab analysis Method of reporting: Dry-weight

Moisture: 19.5 %

	Total N (mg/kg)	Total P (mg/kg)	Total K (mg/kg)	Calcium (mg/kg)	Magnesium (mg/kg)	Sodium (mg/kg)	Sulfur (mg/kg)	Chloride (mg/kg)	Total salt (mg/kg)	TFS (%)
Value	12,900.00	8,100.00	12,000.00							80.51
DL	0.01	0.01	0.01							0.01

Separator Solids

Sample and source description: Separator Solids

Sample date: 10/19/2023 Material type: Separator solids Source of analysis: Lab analysis Method of reporting: Dry-weight

Moisture: 34.1 %

	Total N (mg/kg)	Total P (mg/kg)	Total K (mg/kg)	Calcium (mg/kg)	Magnesium (mg/kg)	Sodium (mg/kg)	Sulfur (mg/kg)	Chloride (mg/kg)	Total salt (mg/kg)	TFS (%)
Value	10,200.00	6,700.00	12,500.00							65.90
DL	0.01	0.01	0.01							0.01

B. PROCESS WASTEWATER ANALYSES

WWQ4

Sample and source description: WWQ4

Sample date: 10/27/2022 Material type: Process wastewater Source of analysis: Lab analysis pH: 7.40

	Kjeldahl-N (mg/L)	NH4-N (mg/L)	NH3-N (mg/L)	Nitrate-N (mg/L)	Total P (mg/L)	Total K (mg/L)	Calcium (mg/L)	Magnes. (mg/L)	Sodium (mg/L)	Bicarb. (mg/L)	Carb. (mg/L)	Sulfate (mg/L)	Chloride (mg/L)	EC (µmhos/cm)	TDS (mg/L)
Value	381.00	305.00	0.00	0.00	76.20	572.00								5,980.00	2,800
DL	1.00	0.50	0.50	0.50	0.10	0.50								10.00	10

WWQ1

Sample and source description: WWQ1

Sample date: 02/09/2023 Material type: Process wastewater Source of analysis: Lab analysis pH: 7.70

	Kjeldahl-N (mg/L)	NH4-N (mg/L)	NH3-N (mg/L)	Nitrate-N (mg/L)	Total P (mg/L)	Total K (mg/L)	Calcium (mg/L)	Magnes. (mg/L)	Sodium (mg/L)	Bicarb. (mg/L)	Carb. (mg/L)	Sulfate (mg/L)	Chloride (mg/L)	EC (µmhos/cm)	TDS (mg/L)
Value	587.00	237.00	0.00	0.00	57.70	926.00								7,690.00	4,700
DL	1.00	0.50	0.50	0.50	0.10	0.50								10.00	10

WWQ2

Sample and source description: WWQ2

Sample date: 05/18/2023 Material type: Process wastewater Source of analysis: Lab analysis pH: 8.10

	Kjeldahl-N (mg/L)	NH4-N (mg/L)	NH3-N (mg/L)	Nitrate-N (mg/L)	Total P (mg/L)	Total K (mg/L)	Calcium (mg/L)	Magnes. (mg/L)	Sodium (mg/L)	Bicarb. (mg/L)	Carb. (mg/L)	Sulfate (mg/L)	Chloride (mg/L)	EC (µmhos/cm)	TDS (mg/L)
Value	675.00	478.00	0.00	0.00	84.30	1,100.00	229.00	116.00	283.00	3,860.00	0.00	24.00	0.00	10,400.00	4,900
DL	1.00	0.50	0.50	0.50	0.10	0.50	0.10	0.10	1.00	5.00	1.00	0.50	1.00	10.00	10

WWQ3

Sample and source description: WWQ3

Sample date: 08/10/2023 Material type: Process wastewater Source of analysis: Lab analysis pH: 7.70

	Kjeldahl-N (mg/L)	NH4-N (mg/L)	NH3-N (mg/L)	Nitrate-N (mg/L)	Total P (mg/L)	Total K (mg/L)	Calcium (mg/L)	Magnes. (mg/L)	Sodium (mg/L)	Bicarb. (mg/L)	Carb. (mg/L)	Sulfate (mg/L)	Chloride (mg/L)	EC (µmhos/cm)	TDS (mg/L)
Value	541.00	402.00	0.00	0.00	59.20	838.00								7,650.00	5,050
DL	1.00	0.50	0.50	0.50	0.10	0.50								10.00	10

WWQ4

Sample and source description: WWQ4

Sample date: 11/09/2023 Material type: Process wastewater Source of analysis: Lab analysis pH: 7.70

	Kjeldahl-N (mg/L)	NH4-N (mg/L)	NH3-N (mg/L)	Nitrate-N (mg/L)	Total P (mg/L)	Total K (mg/L)	Calcium (mg/L)	Magnes. (mg/L)	Sodium (mg/L)	Bicarb. (mg/L)	Carb. (mg/L)	Sulfate (mg/L)	Chloride (mg/L)	EC (µmhos/cm)	TDS (mg/L)
Value	508.00	394.00	0.00	0.00	77.00	698.00								6,860.00	3,750
DL	1.00	0.50	0.50	0.50	0.10	0.50								10.00	10

C. FRESH WATER ANALYSES

IW North

IW North

Sample description: IW North

Sample date: 10/12/2023 Source of analysis: Lab analysis

	Total N (mg/L)	NH4-N (mg/L)	Nitrate-N (mg/L)	Calcium (mg/L)	Magnesium (mg/L)	Sodium (mg/L)	Bicarbonate (mg/L)	Carbonate (mg/L)	Sulfate (mg/L)	Chloride (mg/L)	EC (µmhos/cm)	TDS (mg/L)
Value	7.16	0.00	0.00								329.00	247
DL	1.00	1.00	1.00								10.00	10

IW South

IW South

Sample description: IW South

Sample date: 11/21/2023 Source of analysis: Lab analysis

	Total N (mg/L)	NH4-N (mg/L)	Nitrate-N (mg/L)	Calcium (mg/L)	Magnesium (mg/L)	Sodium (mg/L)	Bicarbonate (mg/L)	Carbonate (mg/L)	Sulfate (mg/L)	Chloride (mg/L)	EC (µmhos/cm)	TDS (mg/L)
Value	2.35	0.00	0.00								173.00	152
DL	1.00	1.00	1.00								10.00	10

TID Highline Canal

TID Highline Canal

Sample description: TID Highline Canal

Sample date: 07/22/2022 Source of analysis: Lab analysis

	Total N (mg/L)	NH4-N (mg/L)	Nitrate-N (mg/L)	Calcium (mg/L)	Magnesium (mg/L)	Sodium (mg/L)	Bicarbonate (mg/L)	Carbonate (mg/L)	Sulfate (mg/L)	Chloride (mg/L)	EC (µmhos/cm)	TDS (mg/L)
Value	0.00	0.00	0.00	0.00	0.00	0.00	0.00	0.00	0.00	0.00	0.00	0
DL	0.50	0.50	0.50	0.50	0.50	0.50	0.50	2.00	1.00	0.10	1.00	10

TID Highline Canal

TID Highline

Sample description: TID Highline

Sample date: 07/25/2023 Source of analysis: Lab analysis

	Total N (mg/L)	NH4-N (mg/L)	Nitrate-N (mg/L)	Calcium (mg/L)	Magnesium (mg/L)	Sodium (mg/L)	Bicarbonate (mg/L)	Carbonate (mg/L)	Sulfate (mg/L)	Chloride (mg/L)	EC (µmhos/cm)	TDS (mg/L)
Value	0.00	0.00	0.00	0.00	0.00	0.00	0.00	0.00	0.00	0.00	30,200.00	33
DL	0.50	0.50	0.50	0.50	0.50	0.50	0.50	2.00	1.00	0.10	10.00	10

D. SOIL ANALYSES

No soil analyses entered.

E. PLANT TISSUE ANALYSES

Field 1 (West) - 11/17/2022: Wheat, silage, soft dough

Forage

Sample and source description: Forage

Sample date: 05/11/2023 Source of analysis: Lab analysis Method of reporting: As-is

Moisture: 75.4 %

	Total N (mg/kg)	Total P (mg/kg)	Total K (mg/kg)	Total salt (mg/kg)	TFS (%)
Value	5,000.00	1,000.00	9,000.00		10.40
DL	0.01	0.01	0.01		0.01

Forage

Sample and source description: Forage

Sample date: 05/11/2023 Source of analysis: Lab analysis Method of reporting: Dry-weight

Moisture: 66.5 %

	Total N (mg/kg)	Total P (mg/kg)	Total K (mg/kg)	Total salt (mg/kg)	TFS (%)
Value	5,400.00	1,300.00	9,200.00		8.70
DL	100.00	100.00	100.00		0.01

Field 1 (West) - 11/17/2022: Wheat, silage, soft dough

Forage

Sample and source description: Forage

Sample date: 05/11/2023 Source of analysis: Lab analysis Method of reporting: As-is

Moisture: 81.0 %

	Total N (mg/kg)	Total P (mg/kg)	Total K (mg/kg)	Total salt (mg/kg)	TFS (%)
Value	4,000.00	700.00	6,500.00		10.40
DL	100.00	100.00	100.00		0.01

Forage

Sample and source description: Forage

Sample date: 05/11/2023 Source of analysis: Lab analysis Method of reporting: As-is

Moisture: 79.9 %

	Total N (mg/kg)	Total P (mg/kg)	Total K (mg/kg)	Total salt (mg/kg)	TFS (%)
Value	4,600.00	1,400.00	11,500.00		14.00
DL	100.00	100.00	100.00		0.01

Field 1 (West) - 06/12/2023: Corn, silage

Corn Silage

Sample and source description: Corn Silage

Sample date: 10/11/2023 Source of analysis: Lab analysis Method of reporting: As-is

Moisture: 66.0 %

	Total N (mg/kg)	Total P (mg/kg)	Total K (mg/kg)	Total salt (mg/kg)	TFS (%)
Value	4,500.00	1,000.00	4,600.00		3.20
DL	100.00	100.00	100.00		0.01

Field 1 (West) - 06/12/2023: Corn, silage

Corn Silage

Sample and source description: Corn Silage
Sample date: 10/11/2023 Source of analysis: Lab analysis Method of reporting: As-is
Moisture: 64.9 %

	Total N (mg/kg)	Total P (mg/kg)	Total K (mg/kg)	Total salt (mg/kg)	TFS (%)
Value	5,000.00	800.00	4,600.00		4.70
DL	100.00	100.00	100.00		0.01

Corn Silage

Sample and source description: Corn Silage
Sample date: 10/11/2023 Source of analysis: Lab analysis Method of reporting: As-is
Moisture: 61.0 %

	Total N (mg/kg)	Total P (mg/kg)	Total K (mg/kg)	Total salt (mg/kg)	TFS (%)
Value	5,200.00	900.00	5,500.00		4.80
DL	100.00	100.00	100.00		0.01

Corn Silage

Sample and source description: Corn Silage
Sample date: 10/11/2023 Source of analysis: Lab analysis Method of reporting: As-is
Moisture: 61.3 %

	Total N (mg/kg)	Total P (mg/kg)	Total K (mg/kg)	Total salt (mg/kg)	TFS (%)
Value	5,700.00	1,100.00	6,300.00		2.40
DL	100.00	100.00	100.00		0.01

Field 2 (North) - 11/19/2022: Wheat, silage, soft dough

Field 2 (North) - 11/19/2022: Wheat, silage, soft dough

Forage

Sample and source description: Forage

Sample date: 05/13/2023 Source of analysis: Lab analysis Method of reporting: As-is

Moisture: 66.4 %

	Total N (mg/kg)	Total P (mg/kg)	Total K (mg/kg)	Total salt (mg/kg)	TFS (%)
Value	5,400.00	1,200.00	11,000.00		10.30
DL	100.00	100.00	100.00		0.01

Forage

Sample and source description: Forage

Sample date: 05/13/2023 Source of analysis: Lab analysis Method of reporting: As-is

Moisture: 68.2 %

	Total N (mg/kg)	Total P (mg/kg)	Total K (mg/kg)	Total salt (mg/kg)	TFS (%)
Value	5,100.00	1,200.00	10,800.00		10.40
DL	100.00	100.00	100.00		0.01

Field 2 (North) - 06/13/2023: Corn, silage

Corn Silage

Sample and source description: Corn Silage

Sample date: 10/12/2023 Source of analysis: Lab analysis Method of reporting: As-is

Moisture: 63.4 %

	Total N (mg/kg)	Total P (mg/kg)	Total K (mg/kg)	Total salt (mg/kg)	TFS (%)
Value	5,200.00	1,100.00	5,100.00		5.20
DL	100.00	100.00	100.00		0.01

Field 2 (North) - 06/13/2023: Corn, silage

Corn Silage

Sample and source description: Corn Silage

Sample date: 10/12/2023 Source of analysis: Lab analysis Method of reporting: As-is

Moisture: 64.2 %

	Total N (mg/kg)	Total P (mg/kg)	Total K (mg/kg)	Total salt (mg/kg)	TFS (%)
Value	5,200.00	1,100.00	5,600.00		0.90
DL	100.00	100.00	100.00		0.01

Field 3 (South) - 11/19/2022: Wheat, silage, soft dough

Forage

Sample and source description: Forage

Sample date: 05/13/2023 Source of analysis: Lab analysis Method of reporting: As-is

Moisture: 73.6 %

	Total N (mg/kg)	Total P (mg/kg)	Total K (mg/kg)	Total salt (mg/kg)	TFS (%)
Value	5,700.00	1,000.00	9,200.00		10.90
DL	100.00	100.00	100.00		0.01

Forage

Sample and source description: Forage

Sample date: 05/13/2023 Source of analysis: Lab analysis Method of reporting: As-is

Moisture: 61.7 %

	Total N (mg/kg)	Total P (mg/kg)	Total K (mg/kg)	Total salt (mg/kg)	TFS (%)
Value	6,400.00	1,300.00	12,400.00		9.70
DL	100.00	100.00	100.00		0.01

Field 3 (South) - 06/22/2023: Corn, silage

Field 3 (South) - 06/22/2023: Corn, silage

Corn Silage

Sample and source description: Corn Silage
Sample date: 10/23/2023 Source of analysis: Lab analysis Method of reporting: As-is
Moisture: 63.4 %

	Total N (mg/kg)	Total P (mg/kg)	Total K (mg/kg)	Total salt (mg/kg)	TFS (%)
Value	4,100.00	900.00	5,100.00		5.30
DL	100.00	100.00	100.00		0.01

Corn Silage

Sample and source description: Corn Silage
Sample date: 10/23/2023 Source of analysis: Lab analysis Method of reporting: As-is
Moisture: 64.6 %

	Total N (mg/kg)	Total P (mg/kg)	Total K (mg/kg)	Total salt (mg/kg)	TFS (%)
Value	4,000.00	1,100.00	5,000.00		5.60
DL	100.00	100.00	100.00		0.01

Field 4 (East) - 11/18/2022: Wheat, silage, soft dough

Forage

Sample and source description: Forage
Sample date: 05/12/2023 Source of analysis: Lab analysis Method of reporting: As-is
Moisture: 68.8 %

	Total N (mg/kg)	Total P (mg/kg)	Total K (mg/kg)	Total salt (mg/kg)	TFS (%)
Value	4,100.00	1,100.00	9,800.00		9.10
DL	100.00	100.00	100.00		0.01

Field 4 (East) - 11/18/2022: Wheat, silage, soft dough

Forage

Sample and source description: Forage

Sample date: 05/12/2023 Source of analysis: Lab analysis Method of reporting: As-is

Moisture: 71.5 %

	Total N (mg/kg)	Total P (mg/kg)	Total K (mg/kg)	Total salt (mg/kg)	TFS (%)
Value	5,200.00	1,000.00	9,100.00		9.50
DL	100.00	100.00	100.00		0.01

Forage

Sample and source description: Forage

Sample date: 05/12/2023 Source of analysis: Lab analysis Method of reporting: As-is

Moisture: 69.4 %

	Total N (mg/kg)	Total P (mg/kg)	Total K (mg/kg)	Total salt (mg/kg)	TFS (%)
Value	5,700.00	1,100.00	11,200.00		11.60
DL	100.00	100.00	100.00		0.01

Forage

Sample and source description: Forage

Sample date: 05/12/2023 Source of analysis: Lab analysis Method of reporting: As-is

Moisture: 69.6 %

	Total N (mg/kg)	Total P (mg/kg)	Total K (mg/kg)	Total salt (mg/kg)	TFS (%)
Value	5,900.00	1,200.00	10,500.00		11.80
DL	100.00	100.00	100.00		0.01

Field 4 (East) - 06/11/2023: Corn, silage

Field 4 (East) - 06/11/2023: Corn, silage

Corn Silage

Sample and source description: Corn Silage
Sample date: 10/09/2023 Source of analysis: Lab analysis Method of reporting: As-is
Moisture: 59.4 %

	Total N (mg/kg)	Total P (mg/kg)	Total K (mg/kg)	Total salt (mg/kg)	TFS (%)
Value	5,000.00	900.00	6,600.00		5.20
DL	100.00	100.00	100.00		0.01

Corn Silage

Sample and source description: Corn Silage
Sample date: 10/09/2023 Source of analysis: Lab analysis Method of reporting: As-is
Moisture: 60.5 %

	Total N (mg/kg)	Total P (mg/kg)	Total K (mg/kg)	Total salt (mg/kg)	TFS (%)
Value	5,100.00	900.00	6,200.00		4.50
DL	100.00	100.00	100.00		0.01

Corn Silage

Sample and source description: Corn Silage
Sample date: 10/10/2023 Source of analysis: Lab analysis Method of reporting: As-is
Moisture: 60.5 %

	Total N (mg/kg)	Total P (mg/kg)	Total K (mg/kg)	Total salt (mg/kg)	TFS (%)
Value	5,200.00	1,100.00	5,200.00		5.40
DL	100.00	100.00	100.00		0.01

Field 4 (East) - 06/11/2023: Corn, silage

Corn Silage

Sample and source description: Corn Silage

Sample date: 10/10/2023 Source of analysis: Lab analysis Method of reporting: As-is

Moisture: 59.9 %

	Total N (mg/kg)	Total P (mg/kg)	Total K (mg/kg)	Total salt (mg/kg)	TFS (%)
Value	4,500.00	1,000.00	5,900.00		5.10
DL	100.00	100.00	100.00		0.01

F. SUBSURFACE (TILE) DRAINAGE ANALYSES

No subsurface (tile) drainage analyses entered.

NUTRIENT APPLICATIONS, POTENTIAL REMOVAL, AND BALANCE

A. SUMMARY OF NUTRIENT APPLICATIONS, POTENTIAL REMOVAL, AND BALANCE

	Total N (lbs)	Total P (lbs)	Total K (lbs)	Total salt (lbs)
Existing soil nutrient content	0.00	0.00	0.00	0.00
Plowdown credit	0.00	0.00	0.00	0.00
Commercial fertilizer / Other	0.00	0.00	0.00	0.00
Dry manure	0.00	0.00	0.00	0.00
Process wastewater	242,639.22	29,204.03	378,525.19	2,073,398.70
Fresh water	2,689.40	0.00	0.00	234,967.24
Atmospheric deposition	5,691.00	0.00	0.00	0.00
Total nutrients applied	251,019.62	29,204.03	378,525.19	2,308,365.94
Anticipated crop nutrient removal	147,515.00	25,315.50	116,689.50	0.00
Actual crop nutrient removal	188,890.72	40,037.30	269,938.52	861,537.09
Nutrient balance	62,128.90	-10,833.27	108,586.67	1,446,828.85
Applied to removed ratio	1.33	0.73	1.40	2.68

B. POUNDS OF NUTRIENT APPLIED VS. CROP REMOVAL

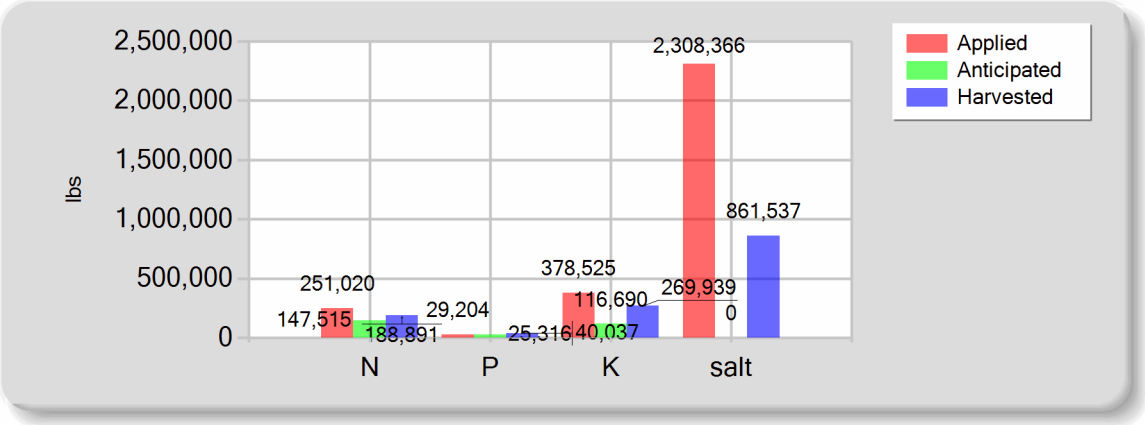

C. POUNDS OF NUTRIENT APPLIED BY MATERIAL TYPE

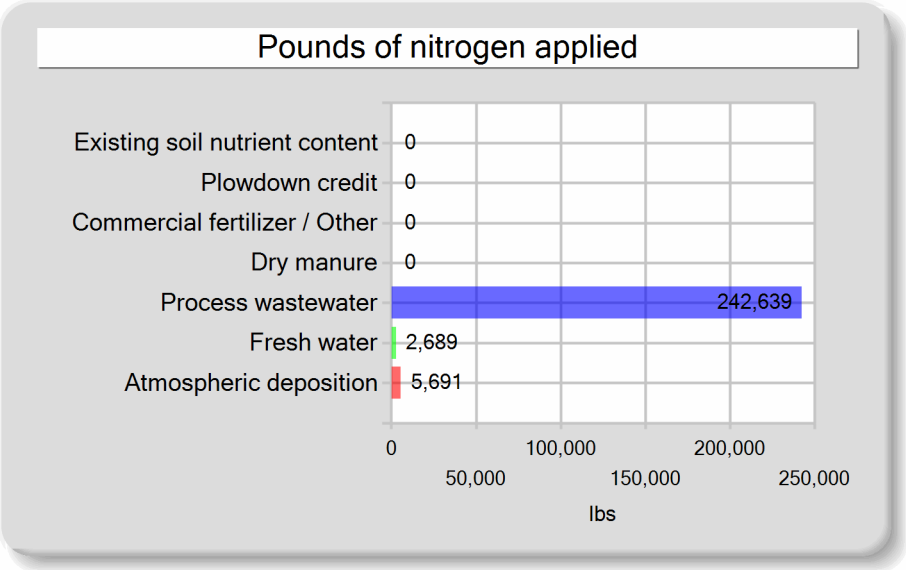

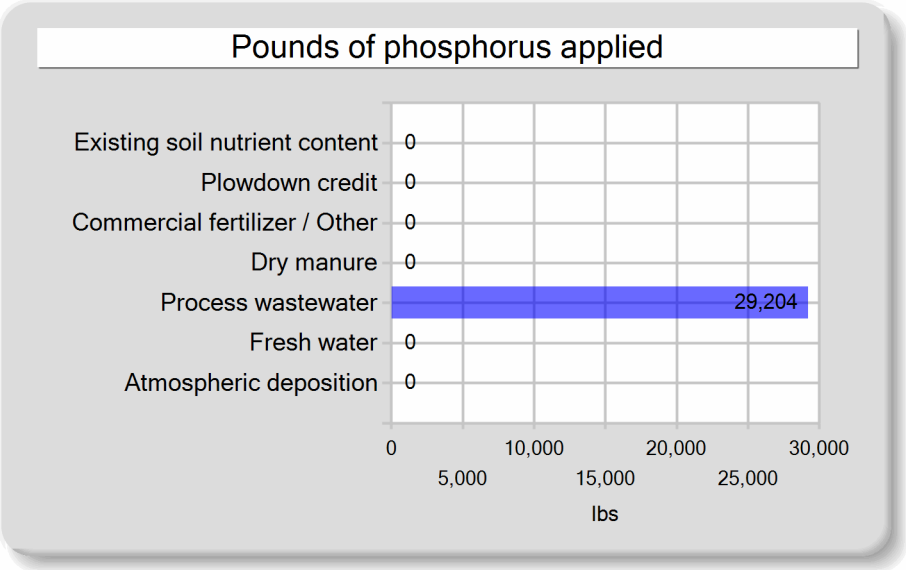

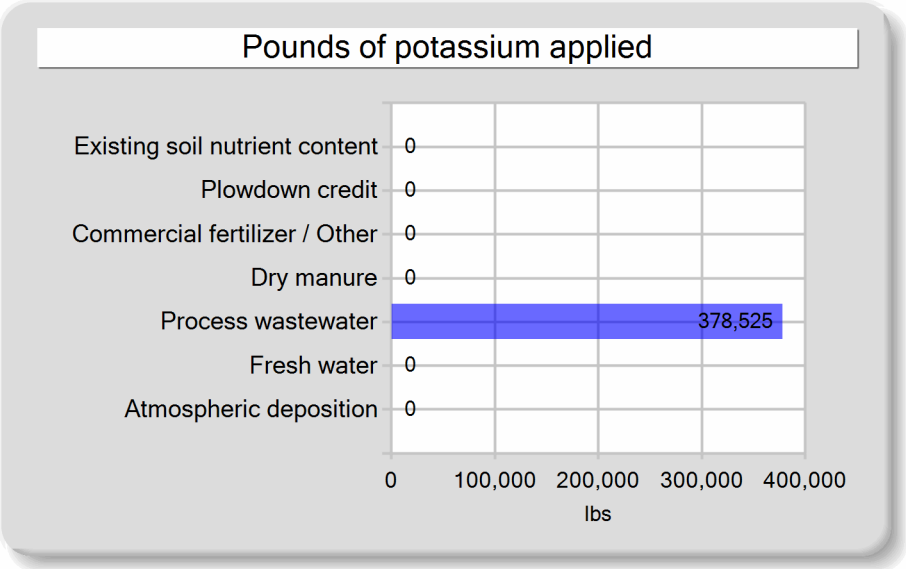

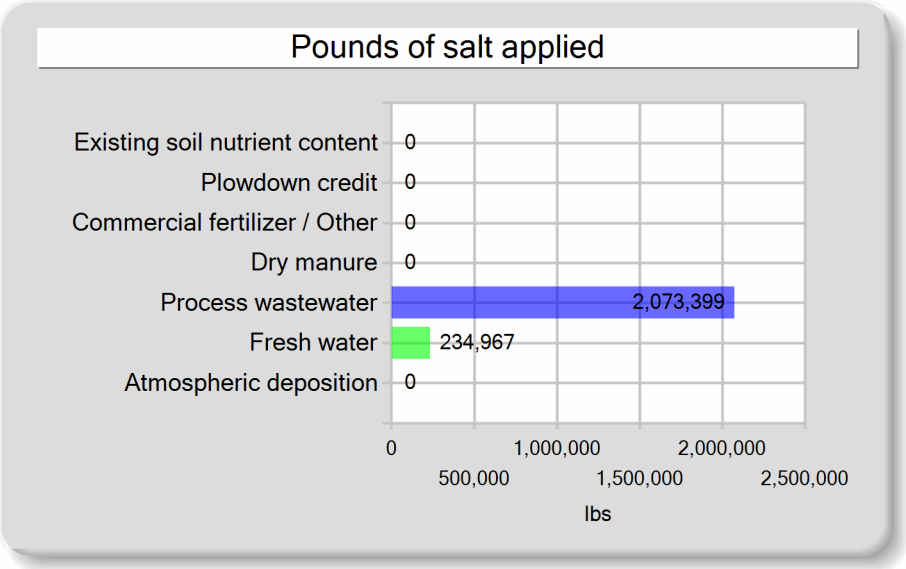

EXCEPTION REPORTING

A. MANURE, PROCESS WASTEWATER, AND OTHER DAIRY WASTE DISCHARGES

The following is a summary of all manure and process wastewater discharges from the production area to surface water or to land areas (land application areas or otherwise) when not in accordance with the facility's Nutrient Management Plan.

No manure or process wastewater discharges occurred during the reporting period.

B. STORM WATER DISCHARGES

The following is a summary of all storm water discharges from the production area to surface water during the reporting period when not in accordance with the facility 's Nutrient Management Plan.

No stormwater discharges occurred during the reporting period.

C. LAND APPLICATION AREA TO SURFACE WATER DISCHARGES

The following is a summary of all discharges from the land application area to surface water that have occurred during the reporting period when not in accordance with the facility's Nutrient Management Plan.

No land application area to surface water discharges occurred during the reporting period.

NUTRIENT MANAGEMENT PLAN AND EXPORT AGREEMENT STATEMENTS

A. NUTRIENT MANAGEMENT PLAN STATEMENTS

Was the facility's NMP updated in the reporting period?	No
Was the facility's NMP developed by a certified nutrient management planner (specialist) as specified in Attachment C of the General Order?	Yes
Was the facility's NMP approved by a certified nutrient management planner (specialist) as specified in Attachment C of the General Order?	Yes

B. EXPORT AGREEMENT STATEMENT

Are there any written agreements with third parties to receive manure or process wastewater that are new or were revised within the reporting period?	No

ADDITIONAL NOTES

A. NOTES

No notes entered for this annual report.

Annual Report - General Order No. R5-2007-0035
Reporting period 01/01/2023 to 12/31/2023.

CERTIFICATION

A. OWNER AND/OR OPERATOR CERTIFICATION

I certify under penalty of law that I have personally examined and am familiar with the information submitted in this document and all attachments and that, based on my inquiry of those individuals immediately responsible for obtaining the information, I believe that the information is true, accurate, and complete. I am aware that there are significant penalties for submitting false information, including the possibility of fine and imprisonment.

Earl Haringa (Apr 2, 2024 22:07 PDT)

SIGNATURE OF OWNER OF FACILITY	SIGNATURE OF OPERATOR OF FACILITY
Earl Haringa	SAME AS OWNER
PRINT OR TYPE NAME	PRINT OR TYPE NAME
Apr 2, 2024	
DATE	DATE

ATTACHMENTS

A. REQUIRED ATTACHMENTS

The following lists the required documents that should be attached to the Annual Report when submitted .

Annual Dairy Facility Assessment
Provide an Annual Dairy Facility Assessment (an update to the Preliminary Dairy Facility Assessment in Attachment A) for each reporting period. On the PDFA Final page, click on the ADFA Report button to generate an ADFA report after updating information as needed .

Manure/Process Wastewater Tracking Manifests
Provide copies of all manure/process wastewater tracking manifests for the reporting period, signed by both the owner/operator and the hauler.

Corrective Actions Documents
Provide records documenting any corrective actions taken to correct deficiencies noted as a result of the inspections required in the Monitoring Requirements of the General Order. Deficiencies not corrected in 30 days must be accompanied by an explanation of the factors preventing immediate correction.

Groundwater Monitoring
Dischargers that monitor supply wells or subsurface (tile) drainage systems, or that have monitoring well systems must submit monitoring results as directed in the General Order, Groundwater Reporting Section starting on page MRP-13.

Storm Water Monitoring
Dischargers that are required to monitor storm water more frequently than required in the General Order must submit monitoring results as directed in the General Order, Storm Water Reporting Section on page MRP-14.

ATTACHMENT D

Manure/Process Wastewater Tracking Manifest
For
Existing Milk Cow Dairies

Instructions:

1) Complete one manifest for each hauling event, for each destination. A hauling event may last for several days, as long as the manure is being hauled to the same destination.
2) If there are multiple destinations, **complete a separate form for each destination.**
3) The operator must obtain the signature of the hauler upon completion of each manure-hauling event.
4) The operator shall submit copies of manure/process wastewater tracking manifest(s) with the Annual Monitoring Report for Existing Milk Cow Dairies.

Operator Information:

Name of Operator: EARL HARINGA

Name of Dairy Facility: HARINGA DAIRY

Facility Address: 14842 E. KEYES RD. (Number and Street) DENAIR (City) 95316 (Zip Code)

Contact Person Name and Phone Number: EARL HARINGA (Name) 209-874-2250 (Phone Number)

Manure/Process Wastewater Hauler Information:

Name of Hauling Company/Person: JOHNSON FARMS

Address of Hauling Company /Person: P.O. BOX 868 (Number and Street) DENAIR (City) 95316 (Zip Code)

Contact Person: MIKE CURRY (Name) 209-874-5343 (Phone Number)

Destination Information:

Composting Facility / Broker / (Farmer) / Other (identify) _____ (please circle one)

Contact information of Composting Facility, Broker, Farmer, or Other (as identified above):

JOHNSON FARMS (Name) P.O. BOX 868 (Number and Street) DENAIR (City) 95316 (Zip Code) 209-874-5343 (Phone Number)

Manure/Process Wastewater Destination Address or Assessor's Parcel Number:

4618 N. MONTPELIER RD. (Number and Street) DENAIR (City) 95316 (Zip Code) _____ (Assessor's Parcel Number)

Dates Hauled: 1/27/23

Amount Hauled:

Enter the amount of manure hauled in tons or cubic yards (indicate the units used), the manure solids content (if amount reported in tons) or manure density (if amount reported in cubic yards), and the method used to calculate the amount:

Manure: 1675 (Tons) or Cubic Yards (indicate which units used)

Manure Solids Content (if amount reported in tons): 68.2% MOISTURE

Manure Density (if amount reported in cubic yards): _____

Method used to determine amount of manure: _____

SCALE WEIGHTS

Enter the amount of process wastewater hauled in gallons and the method used to determine the amount.

Process Wastewater: _____ Gallons

Method used to determine volume of process wastewater: _____

_____

Written Agreement:
Does the Operator have a written agreement (in compliance with Land Application Specification C.2 of Waste Discharge Requirements General Order No. R5-2007-0035) with any party that receives process wastewater from the Operator for its own use? (please check one)

_____ Yes _____ No

If the answer is no, the Operator agrees to have such a written agreement with any such party for any process wastewater transferred after **31 December 2007** to such party.
_____ (Operator shall provide initials here to acknowledge this requirement).

Certification:
I declare under the penalty of law that I personally examined and am familiar with the information submitted in this document, and that based on my inquiry of those individuals immediately responsible for obtaining the information, I believe that the information is true, accurate, and complete. I am aware that there are significant penalties for submitting false information, including the possibility of a fine and imprisonment for knowing violations.

Operator's Signature: _____ (Apr 2, 2024 22:07 PDT) Date: Apr 2, 2024

Hauler's Signature: _____ Date: _____

JOHNSON FARMS

01/27/23

Haringa Dairy
14840 E Keyes Rd
Denair, CA 95316

To Whom It May Concern:

This letter is to inform you that, Johnson Farms has removed from your facility located at 14840 E Keyes Rd. Denair, CA 95316 1675 tons of manure.

If you have any questions, please contact us.

Thank you,

Mike Curry

(209) 874-5343 O PO BOX 868, Denair, CA 95316 (209) 874-9085 F

ATTACHMENT D

Manure/Process Wastewater Tracking Manifest
For
Existing Milk Cow Dairies

Instructions:

1) Complete one manifest for each hauling event, for each destination. A hauling event may last for several days, as long as the manure is being hauled to the same destination.
2) If there are multiple destinations, **complete a separate form for each destination.**
3) The operator must obtain the signature of the hauler upon completion of each manure-hauling event.
4) The operator shall submit copies of manure/process wastewater tracking manifest(s) with the Annual Monitoring Report for Existing Milk Cow Dairies.

Operator Information:

Name of Operator: EARL HARINGA

Name of Dairy Facility: HARINGA DAIRY

Facility Address: 14842 E. KEYES RD. (Number and Street) DENAIR (City) 95316 (Zip Code)

Contact Person Name and Phone Number: EARL HARINGA (Name) 209-874-2250 (Phone Number)

Manure/Process Wastewater Hauler Information:

Name of Hauling Company/Person: JOHNSON FARMS

Address of Hauling Company /Person: P.O. BOX 868 (Number and Street) DENAIR (City) 95316 (Zip Code)

Contact Person: MIKE CURRY (Name) 209-874-5343 (Phone Number)

Destination Information:

Composting Facility / Broker / Farmer / Other (identify) _____ (please circle one)

Contact information of Composting Facility, Broker, Farmer, or Other (as identified above):

JOHNSON FARMS (Name) P.O. BOX 868 (Number and Street) DENAIR (City) 95316 (Zip Code) 209-874-5343 (Phone Number)

Manure/Process Wastewater Destination Address or Assessor's Parcel Number:

4618 N. MONTPELIER RD. (Number and Street) DENAIR (City) 95316 (Zip Code) _____ (Assessor's Parcel Number)

Dates Hauled: 12/11/23

Amount Hauled:

Enter the amount of manure hauled in tons or cubic yards (indicate the units used), the manure solids content (if amount reported in tons) or manure density (if amount reported in cubic yards), and the method used to calculate the amount:

Manure: 7650 Tons or Cubic Yards (indicate which units used)

Manure Solids Content (if amount reported in tons): 19.5 % MOISTURE

Manure Density (if amount reported in cubic yards): _____

Method used to determine amount of manure: _____

SCALE WEIGHTS

Enter the amount of process wastewater hauled in gallons and the method used to determine the amount.

Process Wastewater: _____ Gallons

Method used to determine volume of process wastewater: _____

_____

Written Agreement:
Does the Operator have a written agreement (in compliance with Land Application Specification C.2 of Waste Discharge Requirements General Order No. R5-2007-0035) with any party that receives process wastewater from the Operator for its own use? (please check one)

_____ Yes _____ No

If the answer is no, the Operator agrees to have such a written agreement with any such party for any process wastewater transferred after **31 December 2007** to such party.
_____ (Operator shall provide initials here to acknowledge this requirement).

Certification:
I declare under the penalty of law that I personally examined and am familiar with the information submitted in this document, and that based on my inquiry of those individuals immediately responsible for obtaining the information, I believe that the information is true, accurate, and complete. I am aware that there are significant penalties for submitting false information, including the possibility of a fine and imprisonment for knowing violations.

Operator's Signature: Eddy Mesa (Apr 2, 2024 22:07 PDT) Date: Apr 2, 2024

Hauler's Signature: _____ Date: _____

JOHNSON FARMS

12/11/2023

Haringa Dairy
14840 E Keyes Rd
Denair, CA 95316

To Whom It May Concern:

This letter is to inform you that Johnson Farms hauled from your facility located at 14840 E Keyes Rd. Denair, CA 95316 7650 tons of manure.

If you have any questions, please contact us.

Thank you,

Mike Curry

(209) 874-5343 O PO BOX 868, Denair, CA 95316 (209) 874-3085 F

10/12/23 15:38 23J0914

JG

DELLAVALLE LABORATORY, INC.

1910 W. McKinley Avenue, Suite 110 • Fresno, CA 93728
www.dellavallelab.com 559 233-6129 • 800 228-9896 • Fax 559 268-8174

No. of **Water** Samples 1 No. of Bottles 1

Water Type: [ ] Drinking Water [ ] Wastewater
[X] Ag Water [ ] Groundwater [ ] Monitoring Well
[ ] Supply Water

Other: No. of Samples **Soil** **Tissue** **Manure**

Logged By _____ Results Needed By _____

BILL TO: / 09 (Acct#/Cons.) _____ (Purchase Order No)

HARINGA DAIRY
Company Name

Address

DENAIR CA
City, State Zip

Telephone Fax

Cell/Email

REQUESTED BY F&R Ag Services

PROJECT

Crop Intended

Sampled By EARL HARINGA

Analysis and Bottles Required:

[ ] Well Water **(DWW1)** - EC, NO_3-N, Field NH_4-N, if detected run NH_4-N (1-1 liter plastic, unpreserved) **(Annually)**
[ ] Well Water **(DWW2)** - DWW1 plus HCO_3, CO_3, Cl, SO_4, Dissolved: Ca, Mg, Na, TDS (1-1 liter plastic, unpreserved) **(Every 5 yrs)**
[ ] Process Water **(DPW1)** - EC, NO_3-N, NH_4-N, TKN, TDS, TP, TK (1-1 liter plastic, unpreserved) **(Quarterly)**
[ ] Process Water **(DPW2)** - DPW1 plus CO_3, HCO_3, Cl, SO_4, Total: Ca, Mg, Na, (1-1 liter plastic, unpreserved) **(Every 2 yrs)**
[X] Canal Water **(DCW1)**-EC, NO_3-N,TKN,TN,TDS (1-1 liter plastic,unpreserved)
[ ] Water – EC, NO_3-N, TDS, TP (1-1 liter plastic, unpreserved)
[ ] Manure **(DM1)** - N, P, K, Moisture **(2x/yr)**
[ ] Manure **(DM2)** - DM1 plus Ash, Ca, Mg, Na, S, Cl **(Every 2 yrs)**
[ ] Compost **(OSA2)** – Moisture, N, P, K, Ash, OM, C:N ratio, Ca, Mg, Na, Fe, Cu, Mn, Zn, S
[ ] Harvest Tissue **(CRA1)** - Moisture , N, P, K, Ash
[ ] Tissue – % Moisture
[ ] Fall Soil – **(DS2)** - FA1 (0-1') **plus CEC, OM:** NO_3-N (1-2')
[ ] OTHER:

COPIES TO: labs@fragservices.com, slocke@fragservices.com
[ ] Co Health Dept
[ ] RWQCB [X] Copy of Chain
[ ] State Forms [ ] QA/QC Documents

Description of Sample	Field NH_4-N	Date/Time Sampled	Rec'd Temp °C
1. ILN - NORTH		10/12 9:30	-2.2
2.			
3.			
4.			
5.			
6.			
7.			
8.			
9.			
10.			

IR Thermometer SN: 200560723
Correction Factor: 0°C
Calibration Due: 12/22/2023
Location: Laboratory

CHAIN OF CUSTODY

Carrier	Signature	Company	Received (Date/Time)	Relinquished (Date/Time)
First	SLF	F+R	10/12 12:00	
Second	SLF	DLV	10-12-23 1:55	10-12-23 5:20
Third				
Fourth		DLI	10/12/23 15:38	

I guarantee that as the client, or on behalf of client named, I have the authority to contract the above requested services. Should it be found that I do not have such authority, I agree to be personally liable for all costs and, if there should be action against me for this breach, reasonable attorneys' fees. It is understood that payment is expected to be cash with samples unless terms have been previously arranged. Terms are net 30 days, overdue accounts will be charged a dated damage fee of 2% per month (annually 24%) or $5.00 per month whichever is greater.

If payment is not made when due and a legitimate dispute exists concerning the product or services of Dellavalle Laboratory, Inc., it will be submitted to mediation under the Rules and Procedures of Creative Alternative to Litigation, Inc (*cal*). If the dispute is not resolved in mediation, then the dispute will be submitted to binding arbitration through *cal* under its Rules and Procedures. The parties will equally bear the costs of mediation/arbitration. If, however, the mediator declares that no legitimate dispute exists, then debtor will pay all mediation and arbitration costs, and in the event of arbitration, reasonable attorneys' fees of Dellavalle Laboratory.

Invoicing Information:

Shipping
$_____ In
$_____ Out

Amt Paid Rec By Check # Date

Signature

DELLAVALLE™
LABORATORY INC

Haringa Dairy
PO Box 943
Denair, CA 95316

Account# 00-0022040
Account Manager: Ben Nydam
Submitted By: F & R Ag Services

Received: 10/12/2023 15:38
Reported: 10/20/2023 14:34

Sample Results

Sample: IW - North
23J0914-01 (Water)

Sampled: 10/12/2023 9:30
Sampled By: Earl Haringa

Analyte	Result	Units	Reporting Limit	DIL	DW MCL	Date/Time Analyzed	Method	Notes	Batch
Electrical Conductivity	**0.33**	mmhos/cm	0.01	1		10/13/23 11:35	SM 2510 B		BEJ0487
Electrical Conductivity umhos	**329**	umhos/cm	10.0	1		10/13/23 11:35	SM 2510 B		BEJ0487
Nitrate Nitrogen as NO3N	**7.0**	mg/L	0.1	1	10	10/12/23 22:33	EPA 300.0		BEJ0493
Temperature	**25.0**	units	0.0	1		10/13/23 11:35	SM 4500-H+	H	BEJ0487
pH	**8.0**	units	1.0	1		10/13/23 11:35	SM 4500-H+	H	BEJ0487
Total Filterable Solids (TDS)	**247**	mg/L	10.0	1		10/17/23 15:22	SM 2540 C		BEJ0580
Kjeldahl Nitrogen (TKN), Total	ND	mg/L	1.00	1		10/19/23 09:16	SM 4500-NH3 C		BEJ0642
Total Nitrogen	**7.16**	mg/L	1.00	1		10/19/23 09:16	SM 4500-NH3 C		BEJ0642

The results in this report apply to the samples as received and were analyzed in accordance with the chain of custody document. This analytical report must be reproduced in its entirety. All results listed in this report are for the exclusive use of the submitting party. Dellavalle Laboratory, Inc. assumes no responsibility for report alteration, separation, detachment or third party interpretation.

11/21/23 16:09 23K1117

DELLAVALLE LABORATORY, INC.

1910 W. McKinley Avenue, Suite 110 • Fresno, CA 93728
www.dellavallelab.com 559 233-6129 • 800 228-9896 • Fax 559 268-8174

No. of Water Samples 1 No. of Bottles 1

JG

Logged By OWS 11/21/23

Results Needed By

BILL TO: 22040.8

Acct#/Cons. Purchase Order No

HARINGA DAIRY

Company Name

Address DENAIR, CA

City, State Zip

Telephone Fax

Cell/Email

REQUESTED BY F&R Ag Services

PROJECT

Crop Intended

Sampled By EARL HARINGA

Water Type: [ ] Drinking Water [ ] Wastewater
[X] Ag Water [ ] Groundwater [ ] Monitoring Well
[ ] Supply Water

Other: No. of Samples Soil Tissue Manure

Analysis and Bottles Required:

[ ] Well Water **(DWW1)** - EC, NO_3-N, Field NH_4-N, if detected run NH_4-N (1-1 liter plastic, unpreserved) **(Annually)**
[ ] Well Water **(DWW2)** - DWW1 plus HCO_3, CO_3, Cl, SO_4, Dissolved: Ca, Mg, Na, TDS (1-1 liter plastic, unpreserved) **(Every 5 yrs)**
[ ] Process Water **(DPW1)** - EC, NO_3-N, NH_4-N, TKN, TDS, TP, TK (1-1 liter plastic, unpreserved) **(Quarterly)**
[ ] Process Water **(DPW2)** - DPW1 plus CO_3, HCO_3, Cl, SO_4, Total: Ca, Mg, Na, (1-1 liter plastic, unpreserved) **(Every 2 yrs)**
[X] Canal Water **(DCW1)**-EC, NO_3-N,TKN,TN,TDS (1-1 liter plastic,unpreserved)
[ ] Water – EC, NO_3-N, TDS, TP (1-1 liter plastic, unpreserved)
[ ] Manure **(DM1)** - N, P, K, Moisture (2x/yr)
[ ] Manure **(DM2)** - DM1 plus Ash, Ca, Mg, Na, S, Cl **(Every 2 yrs)**
[ ] Compost **(OSA2)** – Moisture, N, P, K, Ash, OM, C:N ratio, Ca, Mg, Na, Fe, Cu, Mn, Zn, S
[ ] Harvest Tissue **(CRA1)** - Moisture, N, P, K, Ash
[ ] Tissue – % Moisture
[ ] Fall Soil – **(DS2)** - FA1 (0-1') **plus CEC, OM**; NO_3-N (1-2')
[ ] OTHER:

COPIES TO: labs@fragservices.com, slocke@fragservices.com
[ ] Co Health Dept
[ ] RWQCB [X] Copy of Chain
[ ] State Forms [ ] QA/QC Documents

Description of Sample	Field NH_4-N	Date/Time Sampled	Rec'd Temp °C
1. IW- SOUTH		11/21 9:00	-2.1
2.			
3.			
4.			
5.			
6.			
7.			
8.			
9.			
10.			

IR Thermometer SN: 200560723
Correction Factor: 0°C
Calibration Due: 12/22/2023
Location: Laboratory

CHAIN OF CUSTODY

Carrier	Signature	Company	Received (Date/Time)	Relinquished (Date/Time)
First		F+R	11/21 10:15	
Second	SLF	DLV	11-21-23 1:29	11-21-23 3:48
Third				
Fourth		DLI	11/21/23 16:09	

I guarantee that as the client, or on behalf of client named, I have the authority to contract the above requested services. Should it be found that I do not have such authority, I agree to be personally liable for all costs and, if there should be action against me for this breach, reasonable attorneys' fees. It is understood that payment is expected to be cash with samples unless terms have been previously arranged. Terms are net 30 days, overdue accounts will be charged a dated damage fee of 2% per month (annually 24% APR) $5.00 per month whichever is greater.

If payment is not made when due and a legitimate dispute exists concerning the product or services of Dellavalle Laboratory, Inc., it will be submitted to mediation under the Rules and Procedures of Creative Alternative to Litigation, Inc (caf). If the dispute is not resolved in mediation, then the dispute will be submitted to binding arbitration through caf under its Rules and Procedures. The parties will equally bear the costs of mediation arbitration. If, however, the mediator declares that no legitimate dispute exists, then debtor will pay all mediation and arbitration costs, and in the event of arbitration, reasonable attorneys' fees of Dellavalle Laboratory.

Invoicing Information:

Shipping
$ _____ In
$ _____ Out

Amt Paid Rec By Check # Date

Signature

DELLAVALLE™
LABORATORY INC

Haringa Dairy
PO Box 943
Denair, CA 95316

Account# 00-0022040
Account Manager: Ben Nydam
Submitted By: F & R Ag Services

Received: 11/21/2023 16:09
Reported: 11/29/2023 11:09

Sample Results

Sample: IW - South
23K1117-01 (Water)

Sampled: 11/21/2023 9:00
Sampled By: Earl Haringa

Analyte	Result	Units	Reporting Limit	DIL	DW MCL	Date/Time Analyzed	Method	Notes	Batch
Electrical Conductivity	**0.17**	mmhos/cm	0.01	1		11/28/23 15:31	SM 2510 B		BEK0749
Electrical Conductivity umhos	**173**	umhos/cm	10.0	1		11/28/23 15:31	SM 2510 B		BEK0749
Nitrate Nitrogen as NO3N	**1.9**	mg/L	0.1	1	10	11/22/23 01:38	EPA 300.0		BEK0693
Temperature	**25.0**	units	0.0	1		11/28/23 15:31	SM 4500-H+	H	BEK0749
pH	**8.0**	units	1.0	1		11/28/23 15:31	SM 4500-H+	H	BEK0749
Total Filterable Solids (TDS)	**152**	mg/L	10.0	1		11/27/23 14:47	SM 2540 C		BEK0738
Kjeldahl Nitrogen (TKN), Total	ND	mg/L	1.00	1		11/27/23 08:53	SM 4500-NH3 C		BEK0724
Total Nitrogen	**2.35**	mg/L	1.00	1		11/27/23 08:53	SM 4500-NH3 C		BEK0724

The results in this report apply to the samples as received and were analyzed in accordance with the chain of custody document. This analytical report must be reproduced in its entirety. All results listed in this report are for the exclusive use of the submitting party. Dellavalle Laboratory, Inc. assumes no responsibility for report alteration, separation, detachment or third party interpretation.

10/12/23 15:38 23J0916

JG

DELLAVALLE LABORATORY, INC.

1910 W. McKinley Avenue, Suite 110 • Fresno, CA 93728
www.dellavallelab.com 559 233-6129 • 800 228-9896 • Fax 559 268-8174

No. of **Water** Samples 2 No. of Bottles 2

Water Type: [ ] Drinking Water [ ] Wastewater
[ ] Ag Water [X] Groundwater [ ] Monitoring Well
[ ] Supply Water

Other: No. of Samples Soil _____ Tissue _____ Manure _____

Logged By _____ Results Needed By _____

BILL TO: / 09 (Acct#/Cons.) _____ (Purchase Order No)

HARINGA DAIRY
Company Name

Address DENAIR CA
City, State Zip

Telephone _____ Fax _____

Cell/Email _____

REQUESTED BY F&R Ag Services

PROJECT _____

Crop ~~FORAGE~~ Intended _____

Sampled By EARL HARINGA

Analysis and Bottles Required:

[X] Well Water **(DWW1)** - EC, NO_3-N, Field NH_4-N, if detected run NH_4-N (1-1 liter plastic, unpreserved) **(Annually)**
[ ] Well Water **(DWW2)** - DWW1 plus HCO_3, CO_3, Cl, SO_4, Dissolved: Ca, Mg, Na, TDS (1-1 liter plastic, unpreserved) **(Every 5 yrs)**
[ ] Process Water **(DPW1)** - EC, NO_3-N, NH_4-N, TKN, TDS, TP, TK (1-1 liter plastic, unpreserved) **(Quarterly)**
[ ] Process Water **(DPW2)** - DPW1 plus CO_3, HCO_3, Cl, SO_4, Total: Ca, Mg, Na, (1-1 liter plastic, unpreserved) **(Every 2 yrs)**
[ ] Canal Water **(DCW1)**-EC, NO_3-N,TKN,TN,TDS (1-1 liter plastic,unpreserved)
[ ] Water – EC, NO_3-N, TDS, TP (1-1 liter plastic, unpreserved)
[ ] Manure **(DM1)** - N, P, K, Moisture **(2x/yr)**
[ ] Manure **(DM2)** - DM1 plus Ash, Ca, Mg, Na, S, Cl **(Every 2 yrs)**
[ ] Compost **(OSA2)** – Moisture, N, P, K, Ash, OM, C:N ratio, Ca, Mg, Na, Fe, Cu, Mn, Zn, S
[ ] Harvest Tissue **(CRA1)** - Moisture , N, P, K, Ash
[ ] Tissue – % Moisture
[ ] Fall Soil – **(DS2)** - FA1 (0-1') **plus CEC, OM:** NO_3-N (1-2')
[ ] OTHER:

COPIES TO: labs@fragservices.com, slocke@fragservices.com
[ ] Co Health Dept _____
[ ] RWQCB [X] Copy of Chain
[ ] State Forms [ ] QA/QC Documents

Description of Sample	Field NH_4-N	Date/Time Sampled	Rec'd Temp °C
1. DW- HOME		10/12 9:00	-2.3
2. DW- DAIRY		" 9:15	-2.8
3.			
4.			
5.			
6.			
7.			
8.			
9.			
10.			

IR Thermometer SN: 200560723
Correction Factor: 0°C
Calibration Due: 12/22/2023
Location: Laboratory

CHAIN OF CUSTODY

Carrier	Signature	Company	Received (Date/Time)	Relinquished (Date/Time)
First		FaR	10/12 12:00	
Second	JLF	DLV	10-12-23 1:55	10/12-23 3:20
Third				
Fourth	JG	DLI	10/12/23 15:38	

I guarantee that as the client, or on behalf of client named, I have the authority to contract the above requested services. Should it be found that I do not have such authority, I agree to be personally liable for all costs and, if there should be action against me for this breach, reasonable attorneys' fees. It is understood that payment is expected to be cash with samples unless terms have been previously arranged. Terms are net 30 days, overdue accounts will be charged a dated damage fee of 2% per month (annually 24%) or $5.00 per month whichever is greater.

If payment is not made when due and a legitimate dispute exists concerning the product or services of Dellavalle Laboratory, Inc., it will be submitted to mediation under the Rules and Procedures of Creative Alternative to Litigation, Inc (*cal*). If the dispute is not resolved in mediation, then the dispute will be submitted to binding arbitration through *cal* under its Rules and Procedures. The parties will equally bear the costs of mediation/arbitration. If, however, the mediator declares that no legitimate dispute exists, then debtor will pay all mediation and arbitration costs, and in the event of arbitration, reasonable attorneys' fees of Dellavalle Laboratory.

Invoicing Information:

Shipping
$ _____ In
$ _____ Out

Amt Paid _____ Rec By _____ Check # _____ Date _____

Signature _____

DELLAVALLE™
LABORATORY INC

Haringa Dairy
PO Box 943
Denair, CA 95316

Account# 00-0022040
Account Manager: Ben Nydam
Submitted By: F & R Ag Services

Received: 10/12/2023 15:38
Reported: 10/20/2023 14:37

Sample Results

Sample: DW - Home
23J0916-01 (Water)

Sampled: 10/12/2023 9:00
Sampled By: Earl Haringa

Analyte	Result	Units	Reporting Limit	DIL	DW MCL	Date/Time Analyzed	Method	Notes	Batch
Electrical Conductivity	**0.68**	mmhos/cm	0.01	1		10/13/23 11:36	SM 2510 B		BEJ0487
Electrical Conductivity umhos	**681**	umhos/cm	10.0	1		10/13/23 11:36	SM 2510 B		BEJ0487
Ammonia (as N)	*	mg/L	0.00	1		10/12/23 09:00	Field		BEJ0563
Nitrate Nitrogen as NO3N	**17.2**	mg/L	0.1	1	10	10/13/23 01:37	EPA 300.0		BEJ0491
Temperature	**25.0**	units	0.0	1		10/13/23 11:36	SM 4500-H+	H	BEJ0487
pH	**8.2**	units	1.0	1		10/13/23 11:36	SM 4500-H+	H	BEJ0487
Total Nitrogen	**17.2**	mg/L	1.00	1		10/19/23 09:18	SM 4500-NH3 C		BEJ0642

The results in this report apply to the samples as received and were analyzed in accordance with the chain of custody document. This analytical report must be reproduced in its entirety. All results listed in this report are for the exclusive use of the submitting party. Dellavalle Laboratory, Inc. assumes no responsibility for report alteration, separation, detachment or third party interpretation.

DELLAVALLE™
LABORATORY INC

Haringa Dairy
PO Box 943
Denair, CA 95316

Account# 00-0022040
Account Manager: Ben Nydam
Submitted By: F & R Ag Services

Received: 10/12/2023 15:38
Reported: 10/20/2023 14:37

Sample Results
(Continued)

Sample: DW - Dairy
23J0916-02 (Water)

Sampled: 10/12/2023 9:15
Sampled By: Earl Haringa

Analyte	Result	Units	Reporting Limit	DIL	DW MCL	Date/Time Analyzed	Method	Notes	Batch
Electrical Conductivity	**0.17**	mmhos/cm	0.01	1		10/13/23 11:37	SM 2510 B		BEJ0487
Electrical Conductivity umhos	**173**	umhos/cm	10.0	1		10/13/23 11:37	SM 2510 B		BEJ0487
Ammonia (as N)	*	mg/L	0.00	1		10/12/23 09:15	Field		BEJ0563
Nitrate Nitrogen as NO3N	**2.1**	mg/L	0.1	1	10	10/13/23 01:57	EPA 300.0		BEJ0491
Temperature	**25.0**	units	0.0	1		10/13/23 11:37	SM 4500-H+	H	BEJ0487
pH	**7.8**	units	1.0	1		10/13/23 11:37	SM 4500-H+	H	BEJ0487
Total Nitrogen	**2.08**	mg/L	1.00	1		10/19/23 09:19	SM 4500-NH3 C		BEJ0642

The results in this report apply to the samples as received and were analyzed in accordance with the chain of custody document. This analytical report must be reproduced in its entirety. All results listed in this report are for the exclusive use of the submitting party. Dellavalle Laboratory, Inc. assumes no responsibility for report alteration, separation, detachment or third party interpretation.

DELLAVALLE LABORATORY, INC.

1910 W. McKinley Avenue, Suite 110 • Fresno, CA 93728
www.dellavallelab.com 559 233-6129 • 800 228-9896 • Fax 559 268-8174

10/26/23 16:45 23J1803

No. of **Water** Samples 1 No. of Bottles 1

Logged By _____ Results Needed By _____

BILL TO: / 09 Acct#/Cons. _____ Purchase Order No _____

HAIRINGA DAIRY
Company Name

Address DENAIR CA
City, State Zip

Telephone _____ Fax _____

Cell/Email

REQUESTED BY F&R Ag Services

PROJECT _____

Crop _____ Intended _____

Sampled By EARL HAIRINGA

Water Type: [ ] Drinking Water [ ] Wastewater
[ ] Ag Water [X] Groundwater [ ] Monitoring Well
[ ] Supply Water

Other: No. of Samples **Soil** _____ **Tissue** _____ **Manure** _____

Analysis and Bottles Required:

[X] Well Water **(DWW1)** - EC, NO_3-N, Field NH_4-N, if detected run NH_4-N (1-1 liter plastic, unpreserved) **(Annually)**
[ ] Well Water **(DWW2)** - DWW1 plus HCO_3, CO_3, Cl, SO_4, Dissolved: Ca, Mg, Na, TDS (1-1 liter plastic, unpreserved) **(Every 5 yrs)**
[ ] Process Water **(DPW1)** - EC, NO_3-N, NH_4-N, TKN, TDS, TP, TK (1-1 liter plastic, unpreserved) **(Quarterly)**
[ ] Process Water **(DPW2)** - DPW1 plus CO_3, HCO_3, Cl, SO_4, Total: Ca, Mg, Na, (1-1 liter plastic, unpreserved) **(Every 2 yrs)**
[ ] Canal Water **(DCW1)**-EC, NO_3-N,TKN,TN,TDS (1-1 liter plastic,unpreserved)
[ ] Water – EC, NO_3-N, TDS, TP (1-1 liter plastic, unpreserved)
[ ] Manure **(DM1)** - N, P, K, Moisture **(2x/yr)**
[ ] Manure **(DM2)** - DM1 plus Ash, Ca, Mg, Na, S, Cl **(Every 2 yrs)**
[ ] Compost **(OSA2)** – Moisture, N, P, K, Ash, OM, C:N ratio, Ca, Mg, Na, Fe, Cu, Mn, Zn, S
[ ] Harvest Tissue **(CRA1)** - Moisture , N, P, K, Ash
[ ] Tissue – % Moisture
[ ] Fall Soil – **(DS2)** - FA1 (0-1') **plus CEC, OM**; NO_3-N (1-2')
[ ] OTHER:

COPIES TO: labs@fragservices.com, slocke@fragservices.com
[ ] Co Health Dept _____
[ ] RWQCB [X] Copy of Chain
[ ] State Forms [ ] QA/QC Documents

Description of Sample	Field NH_4-N	Date/Time Sampled	Rec'd Temp °C
1. DOMESTIC WEST		10/26 9:00	6.5
2.			
3.			
4.			
5			
6.			
7.			
8.			
9.			
10.			

IR Thermometer SN: 200560723
Correction Factor: 0°C
Calibration Due: 12/22/2023
Location: Laboratory

CHAIN OF CUSTODY

Carrier	Signature	Company	Received (Date/Time)	Relinquished (Date/Time)
First		F+R	10/26 10:00	
Second	JLF	DLV	10-26-23 2:05	10-26-23 4:30
Third				
Fourth		DLI	10/26 16:45	

I guarantee that as the client, or on behalf of client named, I have the authority to contract the above requested services Should it be found that I do not have such authority, I agree to be personally liable for all costs and, if there should be action against me for this breach, reasonable attorneys' fees. It is understood that payment is expected to be cash with samples unless terms have been previously arranged. Terms are net 30 days, overdue accounts will be charged a dated damage fee of 2% per month (annually 24%) or $5 00 per month whichever is greater

If payment is not made when due and a legitimate dispute exists concerning the product or services of Dellavalle Laboratory, Inc , it will be submitted to mediation under the Rules and Procedures of Creative Alternative to Litigation, Inc (*cal*). If the dispute is not resolved in mediation, then the dispute will be submitted to binding arbitration through *cal* under its Rules and Procedures The parties will equally bear the costs of mediation/arbitration If, however, the mediator declares that no legitimate dispute exists, then debtor will pay all mediation and arbitration costs, and in the event of arbitration, reasonable attorneys' fees of Dellavalle Laboratory

Invoicing Information:

Shipping
$_____ In
$_____ Out

Amt Paid _____ Rec By _____ Check # _____ Date _____

Signature _____

DELLAVALLE™
LABORATORY INC

Haringa Dairy
PO Box 943
Denair, CA 95316

Account# 00-0022040
Account Manager: Ben Nydam
Submitted By: F & R Ag Services

Received: 10/26/2023 16:45
Reported: 11/07/2023 12:03

Sample Results

Sample: Domestic West
23J1803-01 (Water)

Sampled: 10/26/2023 9:00
Sampled By: Earl Haringa

Analyte	Result	Units	Reporting Limit	DIL	DW MCL	Date/Time Analyzed	Method	Notes	Batch
Electrical Conductivity	**0.18**	mmhos/cm	0.01	1		11/06/23 09:44	SM 2510 B		BEK0137
Electrical Conductivity umhos	**181**	umhos/cm	10.0	1		11/06/23 09:44	SM 2510 B		BEK0137
Ammonia (as N)	*	mg/L	0.00	1		10/26/23 09:00	Field		BEJ1102
Nitrate Nitrogen as NO3N	**2.3**	mg/L	0.1	1	10	10/27/23 03:43	EPA 300.0		BEJ1086
Temperature	**25.0**	units	0.0	1		11/06/23 09:44	SM 4500-H+	H	BEK0137
pH	**7.9**	units	1.0	1		11/06/23 09:44	SM 4500-H+	H	BEK0137

The results in this report apply to the samples as received and were analyzed in accordance with the chain of custody document. This analytical report must be reproduced in its entirety. All results listed in this report are for the exclusive use of the submitting party. Dellavalle Laboratory, Inc. assumes no responsibility for report alteration, separation, detachment or third party interpretation.

2023 Annural Report Haringa Dairy

Final Audit Report 2024-04-03

Created:	2024-04-02
By:	Vince Furtado (vfurtado@fragservices.com)
Status:	Signed
Transaction ID:	CBJCHBCAABAAUB704TtIG7qkL4u3JnFhJ8RTpIW84Qd0

"2023 Annural Report Haringa Dairy" History

Document created by Vince Furtado (vfurtado@fragservices.com)
2024-04-02 - 10:51:37 PM GMT

Document emailed to totootall2@aol.com for signature
2024-04-02 - 10:54:10 PM GMT

Email viewed by totootall2@aol.com
2024-04-03 - 5:04:43 AM GMT

Signer totootall2@aol.com entered name at signing as Earl Haringa
2024-04-03 - 5:07:13 AM GMT

Document e-signed by Earl Haringa (totootall2@aol.com)
Signature Date: 2024-04-03 - 5:07:15 AM GMT - Time Source: server

Agreement completed.
2024-04-03 - 5:07:15 AM GMT