Annual Report - General Order No. R5-2007-0035
Reporting period 01/01/2023 to 12/31/2023.

DAIRY FACILITY INFORMATION

A. NAME OF DAIRY OR BUSINESS OPERATING THE DAIRY: G & H Dairy #2

Physical address of dairy:

16475 Brennan RD	Escalon	San Joaquin	95320
Number and Street	City	County	Zip Code

Street and nearest cross street (if no address):

Date facility was originally placed in operation: 01/01/1950

Regional Water Quality Control Board Basin Plan designation: San Joaquin River Basin

County Assessor Parcel Number(s) for dairy facility:

X229-X030-XX12-XXXX X229-X050-XX09-XXXX

B. OPERATORS

Van de Pol, Gerard Wilfred

Operator name: Van de Pol, Gerard Wilfred

Telephone no.: (209) 838-8685 (Landline) (Cellular)

16996 Sexton RD	Escalon	CA	95320
Mailing Address Number and Street	City	State	Zip Code

This operator is responsible for paying permit fees.

C. OWNERS

Van de Pol, Gerard Wilfred

Legal owner name: Van de Pol, Gerard Wilfred

Telephone no.: (209) 838-8685 (Landline) (Cellular)

16996 Sexton RD	Escalon	CA	95320
Mailing Address Number and Street	City	State	Zip Code

This owner is responsible for paying permit fees.

AVAILABLE NUTRIENTS

A. HERD INFORMATION

	Milk Cows	Dry Cows	Bred Heifers (15-24 mo.)	Heifers (7-14 mo. to breeding)	Calves (4-6 mo.)	Calves (0-3 mo.)
Number open confinement	0	0	700	830	0	0
Number under roof	640	0	0	0	0	0
Maximum number	640	0	700	830	0	0
Average number	640	0	700	830	0	0
Avg live weight (lbs)	1,300	0	900	700		

Predominant milk cow breed: Jersey-Holstein Cross

Average milk production: 75 *pounds per cow per day*

B. MANURE GENERATED

Total manure excreted by the herd: 31,740.83 *tons per reporting period*

Total nitrogen from manure: 364,750.54 *lbs per reporting period*

After ammonia losses (30% loss applied): 255,325.38 *lbs per reporting period*

Total phosphorus from manure: 61,812.48 *lbs per reporting period*

Total potassium from manure: 124,668.31 *lbs per reporting period*

Total salt from manure: 301,344.00 *lbs per reporting period*

C. PROCESS WASTEWATER GENERATED

Process wastewater generated: 7,821,000 *gallons*

Total nitrogen generated: 19,097.95 *lbs*

Total phosphorus generated: 3,848.40 *lbs*

Total potassium generated: 43,799.16 *lbs*

Total salt generated: 282,936.06 *lbs*

	7,821,000	*gallons applied*
+	0	*gallons exported*
-	0	*gallons imported*
=	7,821,000	*gallons generated*

D. FRESH WATER SOURCES

Source Description	Type
SSJID	Surface water

E. SUBSURFACE (TILE) DRAINAGE SOURCES

No subsurface (tile) drainage sources entered.

F. NUTRIENT IMPORTS

No dry manure nutrient imports entered.

No process wastewater nutrient imports entered.

Date	Material type / Description	Quantity	Reporting basis	Moisture (%)	N (%)	P (%)	K (%)	Salt (%)
05/25/2023	Solid commercial fertilizer *4-0-0*	7.50 *ton*	Dry-weight	0.1	4.000000	0.000000	0.000000	0.000000
06/22/2023	Solid commercial fertilizer *UN32*	1.75 *ton*	Dry-weight	0.1	32.000000	0.000000	0.000000	0.000000

Material type	Total N (lbs)	Total P (lbs)	Total K (lbs)	Total salt (lbs)
Commercial fertilizer / Other	1,718.28	0.00	0.00	0.00
Dry manure	0.00	0.00	0.00	0.00
Process wastewater	0.00	0.00	0.00	0.00
Total imports for all materials	1,718.28	0.00	0.00	0.00

G. NUTRIENT EXPORTS

Date	Material type	Quantity	Reporting basis	Moisture (%)	Density (lbs/cu ft)	N (mg/kg)	P (mg/kg)	K (mg/kg)	Salt (mg/kg)	TFS (%)
10/05/2023	Compost	1,740.00 *ton*	Dry-weight	30.0		20,800.00	5,780.00	28,900.00		62.10
11/05/2023	Compost	510.00 *ton*	Dry-weight	30.0		20,800.00	5,780.00	28,900.00		62.10

No liquid nutrient exports entered.

Material type	Total N (lbs)	Total P (lbs)	Total K (lbs)	Total salt (lbs)
Dry manure	65,520.00	18,207.00	91,035.00	1,956,150.00
Process wastewater	0.00	0.00	0.00	0.00
Total exports for all materials	65,520.00	18,207.00	91,035.00	1,956,150.00

APPLICATION AREA

A. LIST OF LAND APPLICATION AREAS

Field name	Controlled acres	Cropable acres	Total harvests	Type of waste applied	Parcel number
North Field	40	40	2	process wastewater	X229-X050-XX09-XXXX
South Field	35	35	2	manure	X229-X030-XX12-XXXX
Totals for areas that were used for application	75	75	4		
Totals for areas that were not used for application					
Land application area totals	75	75	4		

B. CROPS AND HARVESTS

North Field

Field name: North Field

10/20/2022: Oats, silage-soft dough

Crop: Oats, silage-soft dough Acres planted: 40 Plant date: 10/20/2022

Harvest date	Yield	Reporting basis	Density (lbs/cu ft)	Moisture (%)	N (mg/kg)	P (mg/kg)	K (mg/kg)	Salt (mg/kg)	TFS (%)
04/24/2023	540.00 *ton*	As-is		64.8	6,180.00	820.00	5,220.00		12.70

	Yield (tons/acre)	Total N (lbs/acre)	Total P (lbs/acre)	Total K (lbs/acre)	Salt (lbs/acre)
Anticipated harvest content	15.00	150.00	24.00	124.50	0.00
Total actual harvest content	13.50	166.86	22.14	140.94	1,207.01

05/25/2023: Corn, silage

Crop: Corn, silage Acres planted: 40 Plant date: 05/25/2023

Harvest date	Yield	Reporting basis	Density (lbs/cu ft)	Moisture (%)	N (mg/kg)	P (mg/kg)	K (mg/kg)	Salt (mg/kg)	TFS (%)
09/14/2023	980.00 *ton*	As-is		61.6	4,110.00	740.00	6,260.00		6.50

	Yield (tons/acre)	Total N (lbs/acre)	Total P (lbs/acre)	Total K (lbs/acre)	Salt (lbs/acre)
Anticipated harvest content	28.00	224.00	42.00	184.80	0.00
Total actual harvest content	24.50	201.39	36.26	306.74	1,223.04

South Field

South Field

Field name: South Field

10/20/2022: Oats, silage-soft dough

Crop: Oats, silage-soft dough Acres planted: 35 Plant date: 10/20/2022

Harvest date	Yield	Reporting basis	Density (lbs/cu ft)	Moisture (%)	N (mg/kg)	P (mg/kg)	K (mg/kg)	Salt (mg/kg)	TFS (%)
04/24/2023	462.00 *ton*	As-is		59.6	5,200.00	1,580.00	11,900.00		8.79

	Yield (tons/acre)	Total N (lbs/acre)	Total P (lbs/acre)	Total K (lbs/acre)	Salt (lbs/acre)
Anticipated harvest content	15.00	150.00	24.00	124.50	0.00
Total actual harvest content	13.20	137.28	41.71	314.16	937.51

05/25/2023: Corn, silage

Crop: Corn, silage Acres planted: 35 Plant date: 05/25/2023

Harvest date	Yield	Reporting basis	Density (lbs/cu ft)	Moisture (%)	N (mg/kg)	P (mg/kg)	K (mg/kg)	Salt (mg/kg)	TFS (%)
09/14/2023	952.50 *ton*	As-is		64.6	3,720.00	760.00	6,290.00		7.60

	Yield (tons/acre)	Total N (lbs/acre)	Total P (lbs/acre)	Total K (lbs/acre)	Salt (lbs/acre)
Anticipated harvest content	28.00	224.00	42.00	184.80	0.00
Total actual harvest content	27.21	202.47	41.37	342.36	1,464.35

NUTRIENT BUDGET

A. LAND APPLICATIONS

North Field - 10/20/2022: Oats, silage-soft dough

Field name: North Field

Crop: Oats, silage-soft dough — Plant date: 10/20/2022

Application date	Application method	Precipitation 24 hours prior	Precipitation during application	Precipitation 24 hours following
09/29/2022	Surface (irrigation)	No precipitation	No precipitation	No precipitation

Source description	Material type	N (lbs/acre)	P (lbs/acre)	K (lbs/acre)	Salt (lbs/acre)	Amount
WWS	Process wastewater	89.78	11.15	211.77	1,955.23	1,320,000.00 *gal*
SSJID	Surface water	0.00	0.00	0.00	0.00	4,140,000.00 *gal*
Application event totals		89.78	11.15	211.77	1,955.23	

Application date	Application method	Precipitation 24 hours prior	Precipitation during application	Precipitation 24 hours following
03/16/2023	Surface (irrigation)	No precipitation	No precipitation	No precipitation

Source description	Material type	N (lbs/acre)	P (lbs/acre)	K (lbs/acre)	Salt (lbs/acre)	Amount
WWS	Process wastewater	130.85	29.60	199.53	1,006.53	1,419,000.00 *gal*
Application event totals		130.85	29.60	199.53	1,006.53	

North Field - 05/25/2023: Corn, silage

Field name: North Field

Crop: Corn, silage — Plant date: 05/25/2023

Application date	Application method	Precipitation 24 hours prior	Precipitation during application	Precipitation 24 hours following
05/12/2023	Surface (irrigation)	No precipitation	No precipitation	No precipitation

Source description	Material type	N (lbs/acre)	P (lbs/acre)	K (lbs/acre)	Salt (lbs/acre)	Amount
WWS	Process wastewater	60.97	13.31	102.24	509.32	891,000.00 *gal*
SSJID	Surface water	0.00	0.00	0.00	58.81	4,860,000.00 *gal*
Application event totals		60.97	13.31	102.24	568.13	

North Field - 05/25/2023: Corn, silage

Application date	Application method	Precipitation 24 hours prior	Precipitation during application	Precipitation 24 hours following
05/25/2023	Sidedress	No precipitation	No precipitation	No precipitation

Source description	Material type	N (lbs/acre)	P (lbs/acre)	K (lbs/acre)	Salt (lbs/acre)	Amount
4-0-0	Solid commercial fertilizer	8.00	0.00	0.00	0.00	
Application event totals		8.00	0.00	0.00	0.00	

06/23/2023	Surface (irrigation)	No precipitation	No precipitation	No precipitation

Source description	Material type	N (lbs/acre)	P (lbs/acre)	K (lbs/acre)	Salt (lbs/acre)	Amount
SSJID	Surface water	0.00	0.00	0.00	60.99	5,040,000.00 *gal*
Application event totals		0.00	0.00	0.00	60.99	

07/05/2023	Surface (irrigation)	No precipitation	No precipitation	No precipitation

Source description	Material type	N (lbs/acre)	P (lbs/acre)	K (lbs/acre)	Salt (lbs/acre)	Amount
WWS	Process wastewater	40.10	8.63	119.04	737.48	858,000.00 *gal*
SSJID	Surface water	0.00	0.00	0.00	56.63	4,680,000.00 *gal*
Application event totals		40.10	8.63	119.04	794.11	

07/17/2023	Surface (irrigation)	No precipitation	No precipitation	No precipitation

Source description	Material type	N (lbs/acre)	P (lbs/acre)	K (lbs/acre)	Salt (lbs/acre)	Amount
WWS	Process wastewater	40.10	8.63	119.04	737.48	858,000.00 *gal*
SSJID	Surface water	0.00	0.00	0.00	56.63	4,680,000.00 *gal*
Application event totals		40.10	8.63	119.04	794.11	

07/29/2023	Surface (irrigation)	No precipitation	No precipitation	No precipitation

Source description	Material type	N (lbs/acre)	P (lbs/acre)	K (lbs/acre)	Salt (lbs/acre)	Amount
WWS	Process wastewater	40.10	8.63	119.04	737.48	858,000.00 *gal*
SSJID	Surface water	0.00	0.00	0.00	56.63	4,680,000.00 *gal*
Application event totals		40.10	8.63	119.04	794.11	

North Field - 05/25/2023: Corn, silage

Application date	Application method	Precipitation 24 hours prior	Precipitation during application	Precipitation 24 hours following
08/10/2023	Surface (irrigation)	No precipitation	No precipitation	No precipitation

Source description	Material type	N (lbs/acre)	P (lbs/acre)	K (lbs/acre)	Salt (lbs/acre)	Amount
WWS	Process wastewater	38.55	8.30	114.46	709.12	825,000.00 *gal*
SSJID	Surface water	0.00	0.00	0.00	54.45	4,500,000.00 *gal*
Application event totals		38.55	8.30	114.46	763.57	

Application date	Application method	Precipitation 24 hours prior	Precipitation during application	Precipitation 24 hours following
08/22/2023	Surface (irrigation)	No precipitation	No precipitation	No precipitation

Source description	Material type	N (lbs/acre)	P (lbs/acre)	K (lbs/acre)	Salt (lbs/acre)	Amount
WWS	Process wastewater	37.01	7.96	109.88	680.75	792,000.00 *gal*
SSJID	Surface water	0.00	0.00	0.00	52.27	4,320,000.00 *gal*
Application event totals		37.01	7.96	109.88	733.02	

South Field - 10/20/2022: Oats, silage-soft dough

Field name: South Field

Crop: Oats, silage-soft dough

Plant date: 10/20/2022

Application date	Application method	Precipitation 24 hours prior	Precipitation during application	Precipitation 24 hours following
09/28/2022	Broadcast/incorporate	No precipitation	No precipitation	No precipitation

Source description	Material type	N (lbs/acre)	P (lbs/acre)	K (lbs/acre)	Salt (lbs/acre)	Amount
Corral Solids	Compost	184.97	111.55	328.29	2,160.36	350.00 *ton*
Application event totals		184.97	111.55	328.29	2,160.36	

Application date	Application method	Precipitation 24 hours prior	Precipitation during application	Precipitation 24 hours following
09/30/2022	Surface (irrigation)	No precipitation	No precipitation	No precipitation

Source description	Material type	N (lbs/acre)	P (lbs/acre)	K (lbs/acre)	Salt (lbs/acre)	Amount
SSJID	Surface water	0.00	0.00	0.00	0.00	3,600,000.00 *gal*
Application event totals		0.00	0.00	0.00	0.00	

South Field - 05/25/2023: Corn, silage

South Field - 05/25/2023: Corn, silage

Field name: South Field

Crop: Corn, silage

Plant date: 05/25/2023

Application date	Application method	Precipitation 24 hours prior	Precipitation during application	Precipitation 24 hours following
05/01/2023	Broadcast/incorporate	No precipitation	No precipitation	No precipitation

Source description	Material type	N (lbs/acre)	P (lbs/acre)	K (lbs/acre)	Salt (lbs/acre)	Amount
Corral Soldis	Corral solids	235.94	124.24	448.92	3,309.48	350.00 *ton*
Application event totals		235.94	124.24	448.92	3,309.48	

Application date	Application method	Precipitation 24 hours prior	Precipitation during application	Precipitation 24 hours following
05/12/2023	Surface (irrigation)	No precipitation	No precipitation	No precipitation

Source description	Material type	N (lbs/acre)	P (lbs/acre)	K (lbs/acre)	Salt (lbs/acre)	Amount
SSJID	Surface water	0.00	0.00	0.00	64.72	4,680,000.00 *gal*
Application event totals		0.00	0.00	0.00	64.72	

Application date	Application method	Precipitation 24 hours prior	Precipitation during application	Precipitation 24 hours following
05/25/2023	Sidedress	No precipitation	No precipitation	No precipitation

Source description	Material type	N (lbs/acre)	P (lbs/acre)	K (lbs/acre)	Salt (lbs/acre)	Amount
4-0-0	Solid commercial fertilizer	8.00	0.00	0.00	0.00	
Application event totals		8.00	0.00	0.00	0.00	

Application date	Application method	Precipitation 24 hours prior	Precipitation during application	Precipitation 24 hours following
06/22/2023	Sidedress	No precipitation	No precipitation	No precipitation

Source description	Material type	N (lbs/acre)	P (lbs/acre)	K (lbs/acre)	Salt (lbs/acre)	Amount
UN32	Solid commercial fertilizer	32.00	0.00	0.00	0.00	
Application event totals		32.00	0.00	0.00	0.00	

Application date	Application method	Precipitation 24 hours prior	Precipitation during application	Precipitation 24 hours following
06/23/2023	Surface (irrigation)	No precipitation	No precipitation	No precipitation

Source description	Material type	N (lbs/acre)	P (lbs/acre)	K (lbs/acre)	Salt (lbs/acre)	Amount
SSJID	Surface water	0.00	0.00	0.00	54.76	3,960,000.00 *gal*
Application event totals		0.00	0.00	0.00	54.76	

Application date	Application method	Precipitation 24 hours prior	Precipitation during application	Precipitation 24 hours following
07/05/2023	Surface (irrigation)	No precipitation	No precipitation	No precipitation

Source description	Material type	N (lbs/acre)	P (lbs/acre)	K (lbs/acre)	Salt (lbs/acre)	Amount
SSJID	Surface water	0.00	0.00	0.00	59.74	4,320,000.00 *gal*
Application event totals		0.00	0.00	0.00	59.74	

South Field - 05/25/2023: Corn, silage

Application date	Application method	Precipitation 24 hours prior	Precipitation during application	Precipitation 24 hours following
07/17/2023	Surface (irrigation)	No precipitation	No precipitation	No precipitation

Source description	Material type	N (lbs/acre)	P (lbs/acre)	K (lbs/acre)	Salt (lbs/acre)	Amount
SSJID	Surface water	0.00	0.00	0.00	62.23	4,500,000.00 *gal*
Application event totals		0.00	0.00	0.00	62.23	

Application date	Application method	Precipitation 24 hours prior	Precipitation during application	Precipitation 24 hours following
07/29/2023	Surface (irrigation)	No precipitation	No precipitation	No precipitation

Source description	Material type	N (lbs/acre)	P (lbs/acre)	K (lbs/acre)	Salt (lbs/acre)	Amount
SSJID	Surface water	0.00	0.00	0.00	59.74	4,320,000.00 *gal*
Application event totals		0.00	0.00	0.00	59.74	

Application date	Application method	Precipitation 24 hours prior	Precipitation during application	Precipitation 24 hours following
08/10/2023	Surface (irrigation)	No precipitation	No precipitation	No precipitation

Source description	Material type	N (lbs/acre)	P (lbs/acre)	K (lbs/acre)	Salt (lbs/acre)	Amount
SSJID	Surface water	0.00	0.00	0.00	54.76	3,960,000.00 *gal*
Application event totals		0.00	0.00	0.00	54.76	

Application date	Application method	Precipitation 24 hours prior	Precipitation during application	Precipitation 24 hours following
08/22/2023	Surface (irrigation)	No precipitation	No precipitation	No precipitation

Source description	Material type	N (lbs/acre)	P (lbs/acre)	K (lbs/acre)	Salt (lbs/acre)	Amount
SSJID	Surface water	0.00	0.00	0.00	54.76	3,960,000.00 *gal*
Application event totals		0.00	0.00	0.00	54.76	

B. NUTRIENT BUDGET

North Field - 10/20/2022: Oats, silage-soft dough

Field name: North Field | Crop: Oats, silage-soft dough | Plant date: 10/20/2022

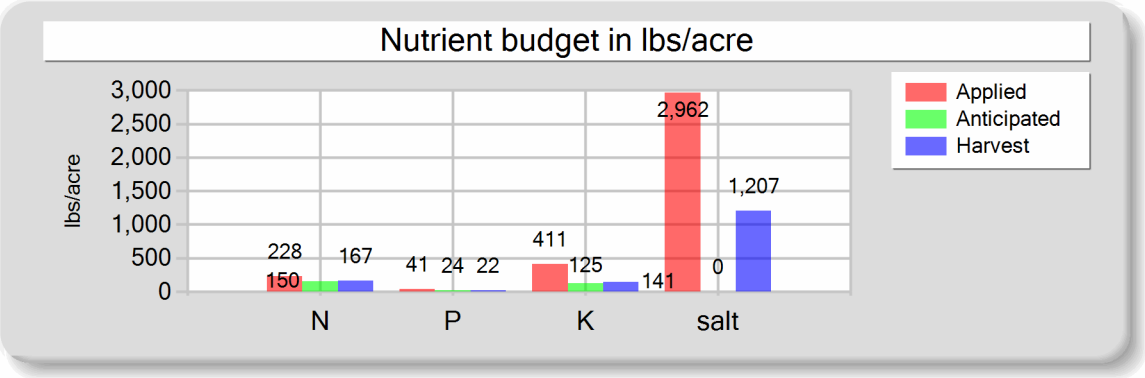

	Total N (lbs/acre)	Total P (lbs/acre)	Total K (lbs/acre)	Total salt (lbs/acre)
Existing soil nutrient content	0.00	0.00	0.00	0.00
Plowdown credit	0.00	0.00	0.00	0.00
Commercial fertilizer / Other	0.00	0.00	0.00	0.00
Dry manure	0.00	0.00	0.00	0.00
Process wastewater	220.62	40.76	411.30	2,961.77
Fresh water	0.00	0.00	0.00	0.00
Atmospheric deposition	7.00	0.00	0.00	0.00
Total nutrients applied	227.62	40.76	411.30	2,961.77
Anticipated crop nutrient removal	150.00	24.00	124.50	0.00
Actual crop nutrient removal	166.86	22.14	140.94	1,207.01
Nutrient balance	60.76	18.62	270.36	1,754.76
Applied to removed ratio	1.36	1.84	2.92	2.45

Fresh water applied	
4,140,000.00	*gallons*
152.46	*acre-inches*
3.81	*inches/acre*

Process wastewater applied	
2,739,000.00	*gallons*
100.87	*acre-inches*
2.52	*inches/acre*

Total harvests for the crop	
1	*harvests*

North Field - 05/25/2023: Corn, silage

Field name: North Field Crop: Corn, silage Plant date: 05/25/2023

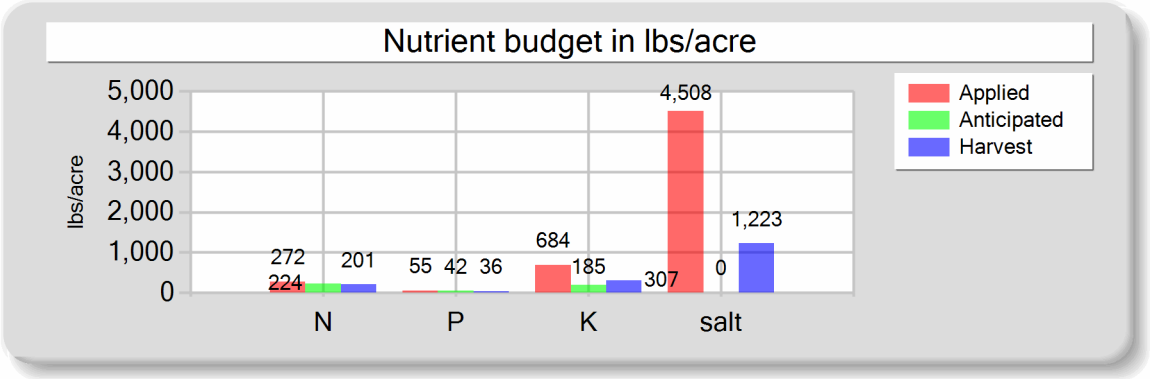

	Total N (lbs/acre)	Total P (lbs/acre)	Total K (lbs/acre)	Total salt (lbs/acre)
Existing soil nutrient content	0.00	0.00	0.00	0.00
Plowdown credit	0.00	0.00	0.00	0.00
Commercial fertilizer / Other	8.00	0.00	0.00	0.00
Dry manure	0.00	0.00	0.00	0.00
Process wastewater	256.82	55.45	683.68	4,111.64
Fresh water	0.00	0.00	0.00	396.40
Atmospheric deposition	7.00	0.00	0.00	0.00
Total nutrients applied	271.82	55.45	683.68	4,508.04
Anticipated crop nutrient removal	224.00	42.00	184.80	0.00
Actual crop nutrient removal	201.39	36.26	306.74	1,223.04
Nutrient balance	70.43	19.19	376.94	3,285.00
Applied to removed ratio	1.35	1.53	2.23	3.69

Fresh water applied	
32,760,000.00	*gallons*
1,206.44	*acre-inches*
30.16	*inches/acre*

Process wastewater applied	
5,082,000.00	*gallons*
187.15	*acre-inches*
4.68	*inches/acre*

Total harvests for the crop	
1	*harvests*

South Field - 10/20/2022: Oats, silage-soft dough

Field name: South Field | Crop: Oats, silage-soft dough | Plant date: 10/20/2022

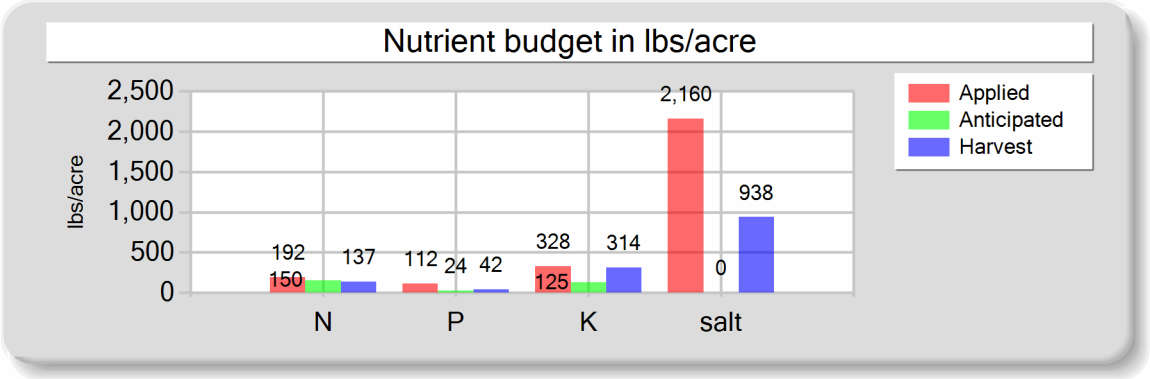

	Total N (lbs/acre)	Total P (lbs/acre)	Total K (lbs/acre)	Total salt (lbs/acre)
Existing soil nutrient content	0.00	0.00	0.00	0.00
Plowdown credit	0.00	0.00	0.00	0.00
Commercial fertilizer / Other	0.00	0.00	0.00	0.00
Dry manure	184.97	111.55	328.29	2,160.36
Process wastewater	0.00	0.00	0.00	0.00
Fresh water	0.00	0.00	0.00	0.00
Atmospheric deposition	7.00	0.00	0.00	0.00
Total nutrients applied	191.97	111.55	328.29	2,160.36
Anticipated crop nutrient removal	150.00	24.00	124.50	0.00
Actual crop nutrient removal	137.28	41.71	314.16	937.51
Nutrient balance	54.69	69.84	14.13	1,222.85
Applied to removed ratio	1.40	2.67	1.04	2.30

Fresh water applied	
3,600,000.00	*gallons*
132.58	*acre-inches*
3.79	*inches/acre*

Process wastewater applied	
0.00	*gallons*
0.00	*acre-inches*
0.00	*inches/acre*

Total harvests for the crop	
1	*harvests*

South Field - 05/25/2023: Corn, silage

Field name: South Field | Crop: Corn, silage | Plant date: 05/25/2023

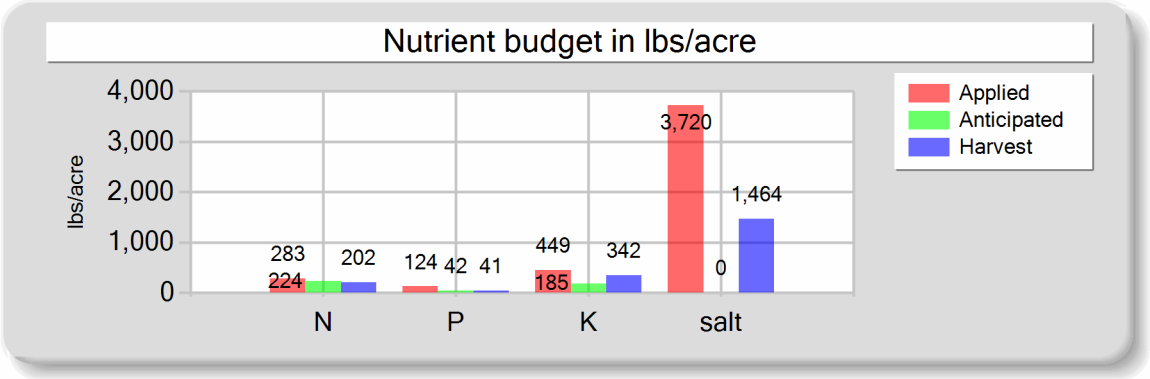

	Total N (lbs/acre)	Total P (lbs/acre)	Total K (lbs/acre)	Total salt (lbs/acre)
Existing soil nutrient content	0.00	0.00	0.00	0.00
Plowdown credit	0.00	0.00	0.00	0.00
Commercial fertilizer / Other	40.00	0.00	0.00	0.00
Dry manure	235.94	124.24	448.92	3,309.48
Process wastewater	0.00	0.00	0.00	0.00
Fresh water	0.00	0.00	0.00	410.72
Atmospheric deposition	7.00	0.00	0.00	0.00
Total nutrients applied	282.94	124.24	448.92	3,720.20
Anticipated crop nutrient removal	224.00	42.00	184.80	0.00
Actual crop nutrient removal	202.47	41.37	342.36	1,464.35
Nutrient balance	80.47	82.87	106.56	2,255.85
Applied to removed ratio	1.40	3.00	1.31	2.54

Fresh water applied	
29,700,000.00	*gallons*
1,093.75	*acre-inches*
31.25	*inches/acre*

Process wastewater applied	
0.00	*gallons*
0.00	*acre-inches*
0.00	*inches/acre*

Total harvests for the crop	
1	*harvests*

NUTRIENT ANALYSES

A. MANURE ANALYSES

Compost

Sample and source description: Compost

Sample date: 09/12/2022 Material type: Compost Source of analysis: Lab analysis Method of reporting: Dry-weight

Moisture: 64.7 %

	Total N (mg/kg)	Total P (mg/kg)	Total K (mg/kg)	Calcium (mg/kg)	Magnesium (mg/kg)	Sodium (mg/kg)	Sulfur (mg/kg)	Chloride (mg/kg)	Total salt (mg/kg)	TFS (%)
Value	26,200.00	15,800.00	46,500.00							30.60
DL	100.00	100.00	100.00							0.01

Compost

Sample and source description: Compost

Sample date: 04/17/2023 Material type: Compost Source of analysis: Lab analysis Method of reporting: Dry-weight

Moisture: 30.9 %

	Total N (mg/kg)	Total P (mg/kg)	Total K (mg/kg)	Calcium (mg/kg)	Magnesium (mg/kg)	Sodium (mg/kg)	Sulfur (mg/kg)	Chloride (mg/kg)	Total salt (mg/kg)	TFS (%)
Value	17,000.00	7,800.00	34,500.00							62.90
DL	100.00	100.00	100.00							0.01

Corral Solids

Sample and source description: Corral Solids

Sample date: 04/17/2023 Material type: Corral solids Source of analysis: Lab analysis Method of reporting: Dry-weight

Moisture: 47.8 %

	Total N (mg/kg)	Total P (mg/kg)	Total K (mg/kg)	Calcium (mg/kg)	Magnesium (mg/kg)	Sodium (mg/kg)	Sulfur (mg/kg)	Chloride (mg/kg)	Total salt (mg/kg)	TFS (%)
Value	22,600.00	11,900.00	43,000.00	16,500.00	9,300.00	11,500.00	6,700.00	3,110.00		31.70
DL	100.00	100.00	100.00	100.00	100.00	100.00	100.00	50.00		0.01

Compost

Sample and source description: Compost

Sample date: 10/09/2023 Material type: Compost Source of analysis: Lab analysis Method of reporting: Dry-weight

Moisture: 30.0 %

	Total N (mg/kg)	Total P (mg/kg)	Total K (mg/kg)	Calcium (mg/kg)	Magnesium (mg/kg)	Sodium (mg/kg)	Sulfur (mg/kg)	Chloride (mg/kg)	Total salt (mg/kg)	TFS (%)
Value	20,800.00	5,780.00	28,900.00							62.10
DL	100.00	100.00	100.00							0.01

Corral Solids

Sample and source description: Corral Solids

Sample date: 10/09/2023 Material type: Corral solids Source of analysis: Lab analysis Method of reporting: Dry-weight

Moisture: 65.1 %

	Total N (mg/kg)	Total P (mg/kg)	Total K (mg/kg)	Calcium (mg/kg)	Magnesium (mg/kg)	Sodium (mg/kg)	Sulfur (mg/kg)	Chloride (mg/kg)	Total salt (mg/kg)	TFS (%)
Value	22,000.00	9,220.00	32,700.00							23.90
DL	100.00	100.00	100.00							0.01

B. PROCESS WASTEWATER ANALYSES

WWQ4

Sample and source description: WWQ4

Sample date: 10/24/2022 Material type: Process wastewater Source of analysis: Lab analysis pH: 0.00

	Kjeldahl-N (mg/L)	NH4-N (mg/L)	NH3-N (mg/L)	Nitrate-N (mg/L)	Total P (mg/L)	Total K (mg/L)	Calcium (mg/L)	Magnes. (mg/L)	Sodium (mg/L)	Bicarb. (mg/L)	Carb. (mg/L)	Sulfate (mg/L)	Chloride (mg/L)	EC (µmhos/cm)	TDS (mg/L)
Value	326.00	193.00	0.00	0.00	40.50	769.00								5,340.00	7,100
DL	0.50	0.50	0.50	0.50	0.50	0.50								1.00	10

WWQ1

Sample and source description: WWQ1

Sample date: 02/21/2023 Material type: Process wastewater Source of analysis: Lab analysis pH: 0.00

	Kjeldahl-N (mg/L)	NH4-N (mg/L)	NH3-N (mg/L)	Nitrate-N (mg/L)	Total P (mg/L)	Total K (mg/L)	Calcium (mg/L)	Magnes. (mg/L)	Sodium (mg/L)	Bicarb. (mg/L)	Carb. (mg/L)	Sulfate (mg/L)	Chloride (mg/L)	EC (µmhos/cm)	TDS (mg/L)
Value	442.00	165.00	0.00	0.00	100.00	674.00	172.00	86.70	158.00	1,760.00	0.00	271.00	506.00	4,320.00	3,400
DL	0.50	0.50	0.50	0.50	0.50	0.50	0.50	0.50	0.50	0.50	2.00	1.00	0.10	1.00	10

WWQ2

Sample and source description: WWQ2

Sample date: 04/10/2023 Material type: Process wastewater Source of analysis: Lab analysis pH: 0.00

	Kjeldahl-N (mg/L)	NH4-N (mg/L)	NH3-N (mg/L)	Nitrate-N (mg/L)	Total P (mg/L)	Total K (mg/L)	Calcium (mg/L)	Magnes. (mg/L)	Sodium (mg/L)	Bicarb. (mg/L)	Carb. (mg/L)	Sulfate (mg/L)	Chloride (mg/L)	EC (µmhos/cm)	TDS (mg/L)
Value	328.00	176.00	0.00	0.00	71.60	550.00								4,470.00	2,740
DL	0.50	0.50	0.50	0.50	0.50	0.50								1.00	10

WWQ3

Sample and source description: WWQ3

Sample date: 07/26/2023 Material type: Process wastewater Source of analysis: Lab analysis pH: 0.00

	Kjeldahl-N (mg/L)	NH4-N (mg/L)	NH3-N (mg/L)	Nitrate-N (mg/L)	Total P (mg/L)	Total K (mg/L)	Calcium (mg/L)	Magnes. (mg/L)	Sodium (mg/L)	Bicarb. (mg/L)	Carb. (mg/L)	Sulfate (mg/L)	Chloride (mg/L)	EC (µmhos/cm)	TDS (mg/L)
Value	224.00	160.00	0.00	0.00	48.20	665.00								4,300.00	4,120
DL	0.50	0.50	0.50	0.50	0.50	0.50								1.00	10

WWQ4

Sample and source description: WWQ4

Sample date: 10/30/2023 Material type: Process wastewater Source of analysis: Lab analysis pH: 0.00

	Kjeldahl-N (mg/L)	NH4-N (mg/L)	NH3-N (mg/L)	Nitrate-N (mg/L)	Total P (mg/L)	Total K (mg/L)	Calcium (mg/L)	Magnes. (mg/L)	Sodium (mg/L)	Bicarb. (mg/L)	Carb. (mg/L)	Sulfate (mg/L)	Chloride (mg/L)	EC (µmhos/cm)	TDS (mg/L)
Value	504.00	300.00	0.00	0.00	47.00	1,080.00								68,620.00	5,600
DL	0.50	0.50	0.50	0.50	0.50	10.00								1.00	10

C. FRESH WATER ANALYSES

SSJID

SSJID

Sample description: SSJID

Sample date: 08/18/2023 Source of analysis: Lab analysis

	Total N (mg/L)	NH4-N (mg/L)	Nitrate-N (mg/L)	Calcium (mg/L)	Magnesium (mg/L)	Sodium (mg/L)	Bicarbonate (mg/L)	Carbonate (mg/L)	Sulfate (mg/L)	Chloride (mg/L)	EC (µmhos/cm)	TDS (mg/L)
Value	0.00	0.00	0.00								89.20	58
DL	1.00	0.50	0.50								10.00	10

D. SOIL ANALYSES

North Field

Soil

Sample and source description: Soil

Sample date: 12/05/2023 Source of analysis: Lab analysis

	Nitrate-N (mg/kg)	Total P (mg/kg)	Soluble P (mg/kg)	K (mg/kg)	EC (µmhos/cm)	Organic matter (%)	Total salt (mg/kg)
Value			115.00				
DL			4.00				

South Field

Soil

Sample and source description: Soil

Sample date: 12/05/2023 Source of analysis: Lab analysis

	Nitrate-N (mg/kg)	Total P (mg/kg)	Soluble P (mg/kg)	K (mg/kg)	EC (µmhos/cm)	Organic matter (%)	Total salt (mg/kg)
Value			90.00				
DL			4.00				

E. PLANT TISSUE ANALYSES

North Field - 10/20/2022: Oats, silage-soft dough

Forage

Sample and source description: Forage

Sample date: 05/01/2023 Source of analysis: Lab analysis Method of reporting: As-is

Moisture: 64.8 %

	Total N (mg/kg)	Total P (mg/kg)	Total K (mg/kg)	Total salt (mg/kg)	TFS (%)
Value	6,180.00	820.00	5,220.00		12.70
DL	100.00	100.00	100.00		0.01

North Field - 05/25/2023: Corn, silage

Corn Silage

Sample and source description: Corn Silage

Sample date: 09/19/2023 Source of analysis: Lab analysis Method of reporting: As-is

Moisture: 61.6 %

	Total N (mg/kg)	Total P (mg/kg)	Total K (mg/kg)	Total salt (mg/kg)	TFS (%)
Value	4,110.00	740.00	6,260.00		6.50
DL	100.00	100.00	100.00		0.01

South Field - 10/20/2022: Oats, silage-soft dough

Soil

Sample and source description: Soil

Sample date: 05/01/2023 Source of analysis: Lab analysis Method of reporting: As-is

Moisture: 59.6 %

	Total N (mg/kg)	Total P (mg/kg)	Total K (mg/kg)	Total salt (mg/kg)	TFS (%)
Value	5,200.00	1,580.00	11,900.00		8.79
DL	100.00	100.00	100.00		0.01

South Field - 05/25/2023: Corn, silage

Corn Silage

Sample and source description: Corn Silage

Sample date: 09/19/2023 Source of analysis: Lab analysis Method of reporting: As-is

Moisture: 64.6 %

	Total N (mg/kg)	Total P (mg/kg)	Total K (mg/kg)	Total salt (mg/kg)	TFS (%)
Value	3,720.00	760.00	6,290.00		7.60
DL	100.00	100.00	100.00		0.01

F. SUBSURFACE (TILE) DRAINAGE ANALYSES

No subsurface (tile) drainage analyses entered.

NUTRIENT APPLICATIONS, POTENTIAL REMOVAL, AND BALANCE

A. SUMMARY OF NUTRIENT APPLICATIONS, POTENTIAL REMOVAL, AND BALANCE

	Total N (lbs)	Total P (lbs)	Total K (lbs)	Total salt (lbs)
Existing soil nutrient content	0.00	0.00	0.00	0.00
Plowdown credit	0.00	0.00	0.00	0.00
Commercial fertilizer / Other	1,720.00	0.00	0.00	0.00
Dry manure	14,732.06	8,252.44	27,202.35	191,444.40
Process wastewater	19,097.95	3,848.40	43,799.16	282,936.06
Fresh water	0.00	0.00	0.00	30,231.26
Atmospheric deposition	1,050.00	0.00	0.00	0.00
Total nutrients applied	36,600.01	12,100.84	71,001.51	504,611.72
Anticipated crop nutrient removal	28,050.00	4,950.00	23,197.50	0.00
Actual crop nutrient removal	26,621.40	5,243.72	40,885.25	181,266.76
Nutrient balance	9,978.61	6,857.12	30,116.26	323,344.96
Applied to removed ratio	1.37	2.31	1.74	2.78

B. POUNDS OF NUTRIENT APPLIED VS. CROP REMOVAL

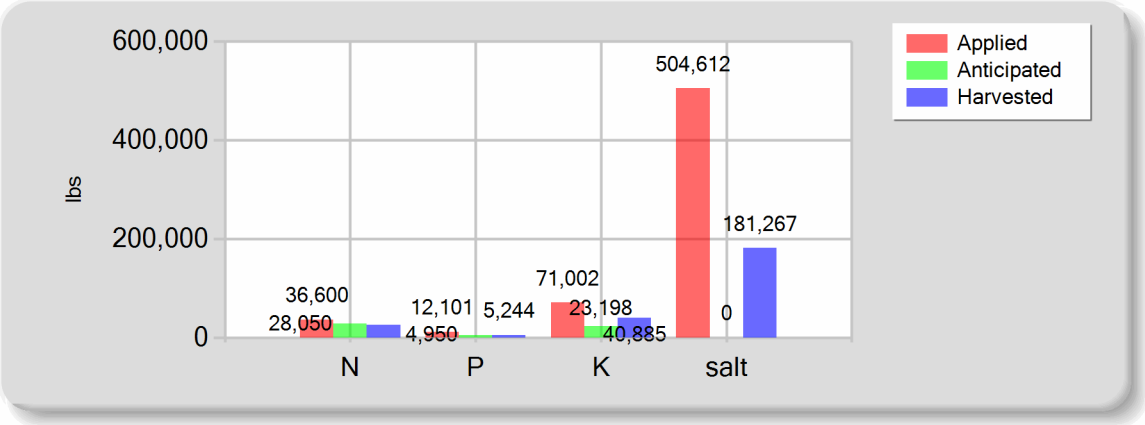

C. POUNDS OF NUTRIENT APPLIED BY MATERIAL TYPE

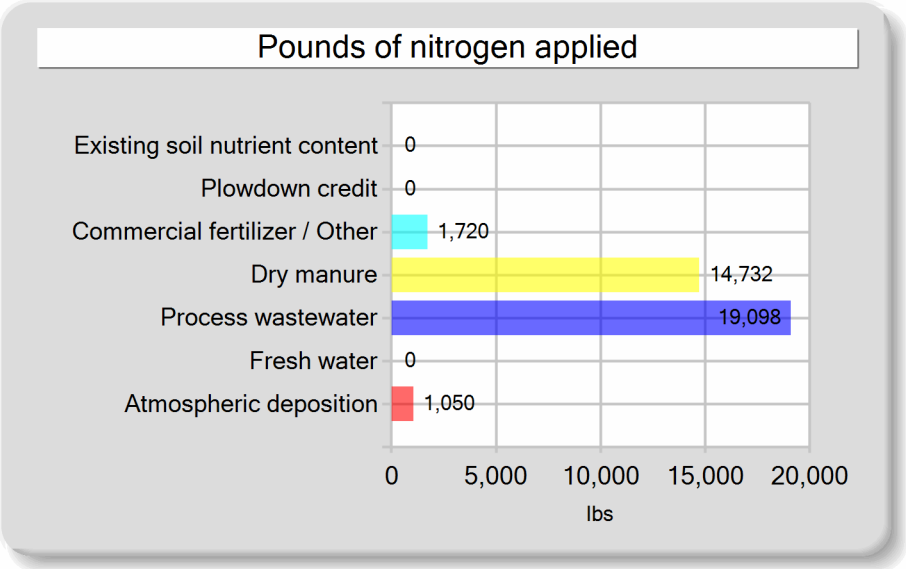

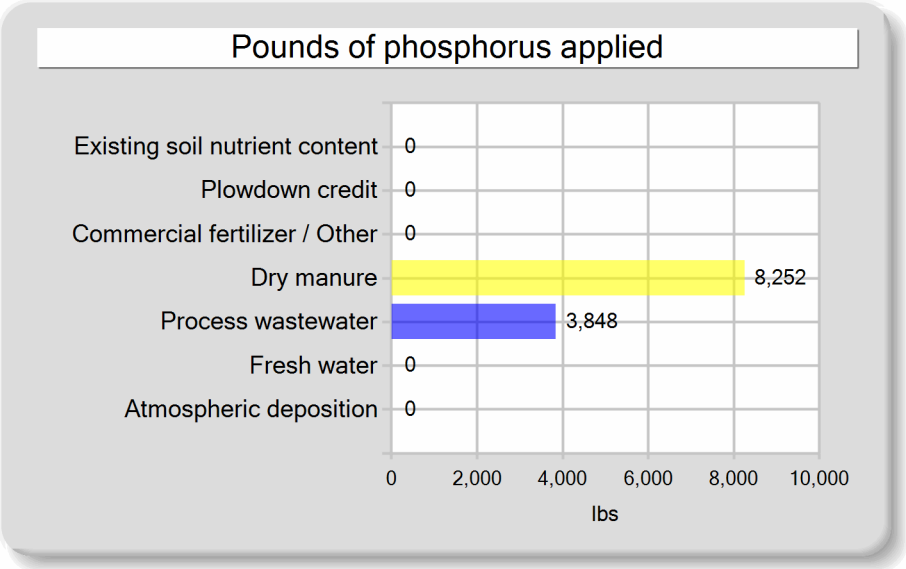

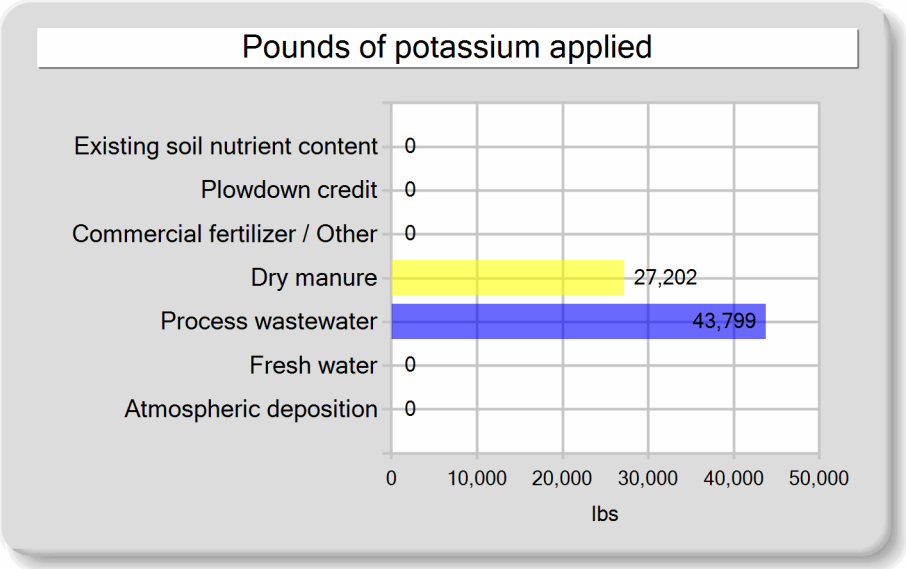

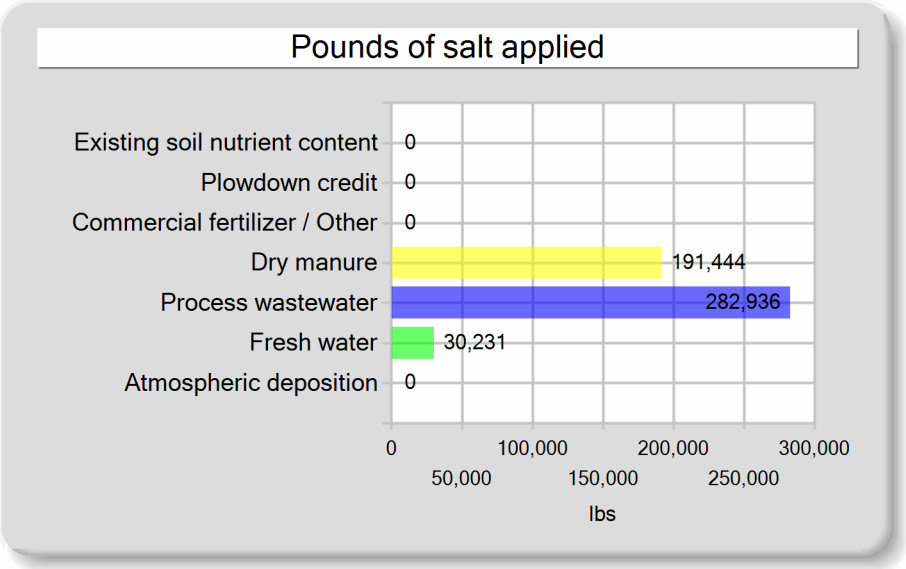

EXCEPTION REPORTING

A. MANURE, PROCESS WASTEWATER, AND OTHER DAIRY WASTE DISCHARGES

The following is a summary of all manure and process wastewater discharges from the production area to surface water or to land areas (land application areas or otherwise) when not in accordance with the facility's Nutrient Management Plan.

No manure or process wastewater discharges occurred during the reporting period.

B. STORM WATER DISCHARGES

The following is a summary of all storm water discharges from the production area to surface water during the reporting period when not in accordance with the facility 's Nutrient Management Plan.

No stormwater discharges occurred during the reporting period.

C. LAND APPLICATION AREA TO SURFACE WATER DISCHARGES

The following is a summary of all discharges from the land application area to surface water that have occurred during the reporting period when not in accordance with the facility's Nutrient Management Plan.

No land application area to surface water discharges occurred during the reporting period.

NUTRIENT MANAGEMENT PLAN AND EXPORT AGREEMENT STATEMENTS

A. NUTRIENT MANAGEMENT PLAN STATEMENTS

Was the facility's NMP updated in the reporting period?	Yes
Was the facility's NMP developed by a certified nutrient management planner (specialist) as specified in Attachment C of the General Order?	Yes
Was the facility's NMP approved by a certified nutrient management planner (specialist) as specified in Attachment C of the General Order?	Yes

B. EXPORT AGREEMENT STATEMENT

Are there any written agreements with third parties to receive manure or process wastewater that are new or were revised within the reporting period?	No

ADDITIONAL NOTES

A. NOTES

No notes entered for this annual report.

CERTIFICATION

A. OWNER AND/OR OPERATOR CERTIFICATION

I certify under penalty of law that I have personally examined and am familiar with the information submitted in this document and all attachments and that, based on my inquiry of those individuals immediately responsible for obtaining the information, I believe that the information is true, accurate, and complete. I am aware that there are significant penalties for submitting false information, including the possibility of fine and imprisonment.

Gerard Van de Pol
Gerard Van de Pol (May 7, 2024 10:55 PDT)

SIGNATURE OF OWNER OF FACILITY	SIGNATURE OF OPERATOR OF FACILITY
Gerard Wilfred Van de Pol	SAME AS OWNER
PRINT OR TYPE NAME	PRINT OR TYPE NAME
May 7, 2024	
DATE	DATE

ATTACHMENTS

A. REQUIRED ATTACHMENTS

The following lists the required documents that should be attached to the Annual Report when submitted .

Annual Dairy Facility Assessment
Provide an Annual Dairy Facility Assessment (an update to the Preliminary Dairy Facility Assessment in Attachment A) for each reporting period. On the PDFA Final page, click on the ADFA Report button to generate an ADFA report after updating information as needed .

Manure/Process Wastewater Tracking Manifests
Provide copies of all manure/process wastewater tracking manifests for the reporting period, signed by both the owner/operator and the hauler.

Corrective Actions Documents
Provide records documenting any corrective actions taken to correct deficiencies noted as a result of the inspections required in the Monitoring Requirements of the General Order. Deficiencies not corrected in 30 days must be accompanied by an explanation of the factors preventing immediate correction.

Groundwater Monitoring
Dischargers that monitor supply wells or subsurface (tile) drainage systems, or that have monitoring well systems must submit monitoring results as directed in the General Order, Groundwater Reporting Section starting on page MRP-13.

Storm Water Monitoring
Dischargers that are required to monitor storm water more frequently than required in the General Order must submit monitoring results as directed in the General Order, Storm Water Reporting Section on page MRP-14.

ATTACHMENT D

Manure/Process Wastewater Tracking Manifest
For
Existing Milk Cow Dairies

Instructions:

1) Complete one manifest for each hauling event, for each destination. A hauling event may last for several days, as long as the manure is being hauled to the same destination.
2) If there are multiple destinations, **complete a separate form for each destination**.
3) The operator must obtain the signature of the hauler upon completion of each manure-hauling event.
4) The operator shall submit copies of manure/process wastewater tracking manifest(s) with the Annual Monitoring Report for Existing Milk Cow Dairies.

Operator Information:

Name of Operator: Gerard Van de Pol

Name of Dairy Facility: G & H Dairy #2

Facility Address: 16475 Brennan Road, (Number and Street) Escalon, CA (City) 95320 (Zip Code)

Contact Person Name and Phone Number: Gerard Van de Pol (Name) 209-765-6225 (Phone Number)

Manure/Process Wastewater Hauler Information:

Name of Hauling Company/Person: G & H Dairy

Address of Hauling Company /Person: 16996 Sexton Road, (Number and Street) Escalon, CA (City) 95320 (Zip Code)

Contact Person: Gerard Van de Pol (Name) 209-765-6225 (Phone Number)

Destination Information:

Composting Facility / Broker / Farmer / Other (identify) _____ (please circle one)

Contact information of Composting Facility, Broker, Farmer, or Other (as identified above):

Tilbury Orchards (Name) 1702 Jackson Ave., (Number and Street) Escalon, CA (City) 95320 (Zip Code) 209-838-6137 (Phone Number)

Manure/Process Wastewater Destination Address or Assessor's Parcel Number:

24701 Arthur Road, (Number and Street) Escalon, CA (City) 95320 (Zip Code) 225-020-02 (Assessor's Parcel Number)

Dates Hauled: 11/5/2023

Amount Hauled:

Enter the amount of manure hauled in tons or cubic yards (indicate the units used), the manure solids content (if amount reported in tons) or manure density (if amount reported in cubic yards), and the method used to calculate the amount:

Manure: 510 Tons or Cubic Yards (indicate which units used)

Manure Solids Content (if amount reported in tons): 30% Moisture

Manure Density (if amount reported in cubic yards): _____

Method used to determine amount of manure: _____

25.5 loads at 20 ton per load

Enter the amount of process wastewater hauled in gallons and the method used to determine the amount.

Process Wastewater: _____ Gallons

Method used to determine volume of process wastewater: _____

_____

Written Agreement:
Does the Operator have a written agreement (in compliance with Land Application Specification E.3 of Reissued Waste Discharge Requirements General Order No. R5-2013-0122) with any party that receives process wastewater from the Operator for its own use? (please check one)

____ Yes _____ No

If the answer is no, the Operator agrees to have such a written agreement with any such party for any process wastewater transferred after **31 December 2007** to such party.
_____ (Operator shall provide initials here to acknowledge this requirement).

Certification:
I declare under the penalty of law that I personally examined and am familiar with the information submitted in this document, and that based on my inquiry of those individuals immediately responsible for obtaining the information, I believe that the information is true, accurate, and complete. I am aware that there are significant penalties for submitting false information, including the possibility of a fine and imprisonment for knowing violations.

Operator's Signature: Gerard Van de Pol
Gerard Van de Pol (May 7, 2024 10:55 PDT) Date: May 7, 2024

Hauler's Signature: Gerard Van de Pol
Gerard Van de Pol (May 7, 2024 10:55 PDT) Date: May 7, 2024

ATTACHMENT D

Manure/Process Wastewater Tracking Manifest
For
Existing Milk Cow Dairies

Instructions:

1) Complete one manifest for each hauling event, for each destination. A hauling event may last for several days, as long as the manure is being hauled to the same destination.
2) If there are multiple destinations, **complete a separate form for each destination**.
3) The operator must obtain the signature of the hauler upon completion of each manure-hauling event.
4) The operator shall submit copies of manure/process wastewater tracking manifest(s) with the Annual Monitoring Report for Existing Milk Cow Dairies.

Operator Information:

Name of Operator: Gerard Van de Pol

Name of Dairy Facility: G & H Dairy #2

Facility Address: 16475 Brennan Road, (Number and Street) Escalon, CA (City) 95320 (Zip Code)

Contact Person Name and Phone Number: Gerard Van de Pol (Name) 209-765-6225 (Phone Number)

Manure/Process Wastewater Hauler Information:

Name of Hauling Company/Person: G & H Dairy

Address of Hauling Company /Person: 16996 Sexton Road, (Number and Street) Escalon, CA (City) 95320 (Zip Code)

Contact Person: Gerard Van de Pol (Name) 209-765-6225 (Phone Number)

Destination Information:

Composting Facility / Broker / Farmer / Other (identify) _____ (please circle one)

Contact information of Composting Facility, Broker, Farmer, or Other (as identified above):

Robert Holmes (Name) 21444 Blackmore Road, (Number and Street) Escalon, CA (City) 95320 (Zip Code) 209-838-7678 (Phone Number)

Manure/Process Wastewater Destination Address or Assessor's Parcel Number:

19808 McHenry Ave., (Number and Street) Escalon, CA (City) 95320 (Zip Code) 247-170-01 (Assessor's Parcel Number)

Dates Hauled: 10/5/2023

Amount Hauled:

Enter the amount of manure hauled in tons or cubic yards (indicate the units used), the manure solids content (if amount reported in tons) or manure density (if amount reported in cubic yards), and the method used to calculate the amount:

Manure: 1740 Tons or Cubic Yards (indicate which units used)

Manure Solids Content (if amount reported in tons): 30% moisture

Manure Density (if amount reported in cubic yards): _____

Method used to determine amount of manure: _____

87 loads at 20 ton per load

Enter the amount of process wastewater hauled in gallons and the method used to determine the amount.

Process Wastewater: _____ Gallons

Method used to determine volume of process wastewater: _____

_____

Written Agreement:
Does the Operator have a written agreement (in compliance with Land Application Specification E.3 of Reissued Waste Discharge Requirements General Order No. R5-2013-0122) with any party that receives process wastewater from the Operator for its own use? (please check one)

____ Yes _____ No

If the answer is no, the Operator agrees to have such a written agreement with any such party for any process wastewater transferred after **31 December 2007** to such party.
_____ (Operator shall provide initials here to acknowledge this requirement).

Certification:
I declare under the penalty of law that I personally examined and am familiar with the information submitted in this document, and that based on my inquiry of those individuals immediately responsible for obtaining the information, I believe that the information is true, accurate, and complete. I am aware that there are significant penalties for submitting false information, including the possibility of a fine and imprisonment for knowing violations.

Operator's Signature: Gerard Van de Pol
Gerard Van de Pol (May 7, 2024 10:55 PDT)
Date: May 7, 2024

Hauler's Signature: Gerard Van de Pol
Gerard Van de Pol (May 7, 2024 10:55 PDT)
Date: May 7, 2024

DELLAVALLE™
LABORATORY INC

G & H #2
16996 Sexton Rd
Escalon, CA 95320

Account# 00-0026218
Account Manager: Scott Sakamoto
Submitted By: Jeanette Sawyer

Received: 09/21/2023 16:12
Reported: 09/27/2023 14:43

Samples in this Report

Lab ID	Sample	Matrix	Sampled By	Crop	Date Sampled
23I1429-01	DW New Well	Drinking Water			09/20/2023 7:00
23I1429-02	DW Trailer	Drinking Water			09/20/2023 7:00

Default Cooler Temperature on Receipt °C: 14.0
Containers Intact
COC/Labels Agree
Received On Ice

Notes and Definitions

Item	Definition
H	Hold Time Exceeded
MCL	Drinking Water Maximum Contaminant Level
ND	Analyte NOT DETECTED at or above the reporting limit.
NES	Not Enough Sample
*	Not Taken
RPD	Relative Percent Difference
%REC	Percent Recovery
Source	Sample that was matrix spiked or duplicated.

Scott McFriedland

Laboratory Director/Technical Manager

ELAP Certification #1595
A2LA Certification #6440.02

The results in this report apply to the samples as received and were analyzed in accordance with the chain of custody document. This analytical report must be reproduced in its entirety. All results listed in this report are for the exclusive use of the submitting party. Dellavalle Laboratory, Inc. assumes no responsibility for report alteration, separation, detachment or third party interpretation.

DELLAVALLE™
LABORATORY INC

G & H #2
16996 Sexton Rd
Escalon, CA 95320

Account# 00-0026218
Account Manager: Scott Sakamoto
Submitted By: Jeanette Sawyer

Received: 09/21/2023 16:12
Reported: 09/27/2023 14:43

Sample Results

Sample: DW New Well
23I1429-01 (Water)

Sampled: 9/20/2023 7:00
Sampled By:

Analyte	Result	Units	Reporting Limit	DIL	DW MCL	Date/Time Analyzed	Method	Notes	Batch
Electrical Conductivity	**0.35**	mmhos/cm	0.01	1		09/22/23 12:16	SM 2510 B		BEI0826
Electrical Conductivity umhos	**350**	umhos/cm	10.0	1		09/22/23 12:16	SM 2510 B		BEI0826
Ammonia (as N)	*	mg/L	0.00	1		09/20/23 07:00	Field		BEI0819
Nitrate Nitrogen as NO3N	**3.9**	mg/L	0.1	1	10	09/22/23 00:31	EPA 300.0		BEI0782
Temperature	**25.0**	units	0.0	1		09/25/23 11:43	SM 4500-H+	H	BEI0870
pH	**8.0**	units	1.0	1		09/25/23 11:43	SM 4500-H+	H	BEI0870
Temperature	**25.0**	°C	0.0	1		09/22/23 12:16	SM 2510 B		BEI0826
Kjeldahl Nitrogen (TKN), Total	ND	mg/L	1.00	1		09/25/23 13:44	SM 4500-NH3 C		BEI0831
Total Nitrogen	**3.86**	mg/L	1.00	1		09/25/23 13:44	SM 4500-NH3 C		BEI0831

The results in this report apply to the samples as received and were analyzed in accordance with the chain of custody document. This analytical report must be reproduced in its entirety. All results listed in this report are for the exclusive use of the submitting party. Dellavalle Laboratory, Inc. assumes no responsibility for report alteration, separation, detachment or third party interpretation.

DELLAVALLE™
LABORATORY INC

G & H #2
16996 Sexton Rd
Escalon, CA 95320

Account# 00-0026218
Account Manager: Scott Sakamoto
Submitted By: Jeanette Sawyer

Received: 09/21/2023 16:12
Reported: 09/27/2023 14:43

Sample Results
(Continued)

Sample: DW Trailer
23I1429-02 (Water)

Sampled: 9/20/2023 7:00
Sampled By:

Analyte	Result	Units	Reporting Limit	DIL	DW MCL	Date/Time Analyzed	Method	Notes	Batch
Electrical Conductivity	**0.34**	mmhos/cm	0.01	1		09/22/23 13:22	SM 2510 B		BEI0827
Electrical Conductivity umhos	**337**	umhos/cm	10.0	1		09/22/23 13:22	SM 2510 B		BEI0827
Ammonia (as N)	*	mg/L	0.00	1		09/20/23 07:00	Field		BEI0819
Nitrate Nitrogen as NO3N	**3.8**	mg/L	0.1	1	10	09/22/23 00:52	EPA 300.0		BEI0782
Temperature	**25.0**	units	0.0	1		09/22/23 13:22	SM 4500-H+	H	BEI0827
pH	**8.0**	units	1.0	1		09/22/23 13:22	SM 4500-H+	H	BEI0827
Kjeldahl Nitrogen (TKN), Total	ND	mg/L	1.00	1		09/25/23 13:46	SM 4500-NH3 C		BEI0831
Total Nitrogen	**3.83**	mg/L	1.00	1		09/25/23 13:46	SM 4500-NH3 C		BEI0831

The results in this report apply to the samples as received and were analyzed in accordance with the chain of custody document. This analytical report must be reproduced in its entirety. All results listed in this report are for the exclusive use of the submitting party. Dellavalle Laboratory, Inc. assumes no responsibility for report alteration, separation, detachment or third party interpretation.

DELLAVALLE™ LABORATORY INC

G & H #2
16996 Sexton Rd
Escalon, CA 95320

Account# 00-0026218
Account Manager: Scott Sakamoto
Submitted By: Jeanette Sawyer

Received: 09/21/2023 16:12
Reported: 09/27/2023 14:43

Quality Control

Analyte	Result	Qual	Reporting Limit	Units	Spike Level	Source Result	%REC	%REC Limits	RPD	RPD Limit
Batch: BEI0782										
Blank (BEI0782-BLK1)					Prepared & Analyzed: 9/21/2023					
Nitrate Nitrogen as NO3N	ND		0.1	mg/L						
Blank (BEI0782-BLK2)					Prepared & Analyzed: 9/21/2023					
Nitrate Nitrogen as NO3N	ND		0.1	mg/L						
Blank (BEI0782-BLK3)					Prepared & Analyzed: 9/22/2023					
Nitrate Nitrogen as NO3N	ND		0.1	mg/L						
Blank (BEI0782-BLK4)					Prepared & Analyzed: 9/22/2023					
Nitrate Nitrogen as NO3N	ND		0.1	mg/L						
LCS (BEI0782-BS1)					Prepared & Analyzed: 9/21/2023					
Nitrate Nitrogen as NO3N	4.9		0.1	mg/L	5.000		98.7	90-110		
LCS (BEI0782-BS2)					Prepared & Analyzed: 9/22/2023					
Nitrate Nitrogen as NO3N	5.0		0.1	mg/L	5.000		99.8	90-110		
LCS (BEI0782-BS3)					Prepared & Analyzed: 9/22/2023					
Nitrate Nitrogen as NO3N	5.1		0.1	mg/L	5.000		101	90-110		
Duplicate (BEI0782-DUP1)		**Source: 23I1397-01**			Prepared & Analyzed: 9/21/2023					
Nitrate Nitrogen as NO3N	7.6		0.1	mg/L		7.6			0.264	10
Duplicate (BEI0782-DUP2)		**Source: 23I1429-01**			Prepared & Analyzed: 9/22/2023					
Nitrate Nitrogen as NO3N	3.9		0.1	mg/L		3.9			0.336	10
Duplicate (BEI0782-DUP3)		**Source: 23I1435-01**			Prepared & Analyzed: 9/22/2023					
Nitrate Nitrogen as NO3N	7.8		0.1	mg/L		7.8			0.205	10
Matrix Spike (BEI0782-MS1)		**Source: 23I1397-01**			Prepared & Analyzed: 9/21/2023					
Nitrate Nitrogen as NO3N	12.6		0.1	mg/L	5.000	7.6	101	90-110		
Matrix Spike (BEI0782-MS2)		**Source: 23I1429-01**			Prepared & Analyzed: 9/22/2023					
Nitrate Nitrogen as NO3N	9.0		0.1	mg/L	5.000	3.9	103	90-110		
Matrix Spike (BEI0782-MS3)		**Source: 23I1435-01**			Prepared & Analyzed: 9/22/2023					
Nitrate Nitrogen as NO3N	ND		0.1	mg/L	5.000	7.8	NR	90-110		
Reference (BEI0782-SRM1)					Prepared & Analyzed: 9/21/2023					
Nitrate Nitrogen as NO3N	10.0			mg/L	10.00		99.8	90-110		
Reference (BEI0782-SRM2)					Prepared & Analyzed: 9/22/2023					
Nitrate Nitrogen as NO3N	10.1			mg/L	10.00		101	90-110		

The results in this report apply to the samples as received and were analyzed in accordance with the chain of custody document. This analytical report must be reproduced in its entirety. All results listed in this report are for the exclusive use of the submitting party. Dellavalle Laboratory, Inc. assumes no responsibility for report alteration, separation, detachment or third party interpretation.

DELLAVALLE™ LABORATORY INC

G & H #2
16996 Sexton Rd
Escalon, CA 95320

Account# 00-0026218
Account Manager: Scott Sakamoto
Submitted By: Jeanette Sawyer

Received: 09/21/2023 16:12
Reported: 09/27/2023 14:43

Quality Control
(Continued)

Analyte	Result	Qual	Reporting Limit	Units	Spike Level	Source Result	%REC	%REC Limits	RPD	RPD Limit
Batch: BEI0782 (Continued)										
Reference (BEI0782-SRM3)					Prepared & Analyzed: 9/22/2023					
Nitrate Nitrogen as NO3N	10.1			mg/L	10.00		101	90-110		
Reference (BEI0782-SRM4)					Prepared & Analyzed: 9/22/2023					
Nitrate Nitrogen as NO3N	10.1			mg/L	10.00		101	90-110		

The results in this report apply to the samples as received and were analyzed in accordance with the chain of custody document. This analytical report must be reproduced in its entirety. All results listed in this report are for the exclusive use of the submitting party. Dellavalle Laboratory, Inc. assumes no responsibility for report alteration, separation, detachment or third party interpretation.

DELLAVALLE™
LABORATORY INC

G & H #2
16996 Sexton Rd
Escalon, CA 95320

Account# 00-0026218
Account Manager: Scott Sakamoto
Submitted By: Jeanette Sawyer

Received: 09/21/2023 16:12
Reported: 09/27/2023 14:43

Quality Control
(Continued)

Analyte	Result	Qual	Reporting Limit	Units	Spike Level	Source Result	%REC	%REC Limits	RPD	RPD Limit
Batch: BEI0826										
Blank (BEI0826-BLK1)					Prepared & Analyzed: 9/22/2023					
Electrical Conductivity	ND		0.01	mmhos/cm						
Temperature	25.0		0.0	°C						
Electrical Conductivity umhos	ND		10.0	umhos/cm						
Blank (BEI0826-BLK2)					Prepared & Analyzed: 9/22/2023					
Electrical Conductivity	ND		0.01	mmhos/cm						
Temperature	25.0		0.0	°C						
Electrical Conductivity umhos	ND		10.0	umhos/cm						
Blank (BEI0826-BLK3)					Prepared & Analyzed: 9/22/2023					
Electrical Conductivity	ND		0.01	mmhos/cm						
Temperature	25.0		0.0	°C						
Electrical Conductivity umhos	ND		10.0	umhos/cm						
Duplicate (BEI0826-DUP1)		**Source: 23I1390-01**			Prepared & Analyzed: 9/22/2023					
Electrical Conductivity	1.95		0.01	mmhos/cm		1.95			0.261	10
Electrical Conductivity umhos	1950		10.0	umhos/cm		1950			0.261	10
Duplicate (BEI0826-DUP2)		**Source: 23I1427-02**			Prepared & Analyzed: 9/22/2023					
Electrical Conductivity	0.41		0.01	mmhos/cm		0.42			0.578	10
Electrical Conductivity umhos	414		10.0	umhos/cm		416			0.578	10
Reference (BEI0826-SRM1)					Prepared & Analyzed: 9/22/2023					
Electrical Conductivity	571			umhos/cm	538.0		106	90-110		
Reference (BEI0826-SRM3)					Prepared & Analyzed: 9/22/2023					
Electrical Conductivity	1070			umhos/cm	1000		107	90-110		
Electrical Conductivity umhos	1070			umhos/cm	1000		107	90-110		
Reference (BEI0826-SRM4)					Prepared & Analyzed: 9/22/2023					
Electrical Conductivity	1090			umhos/cm	1000		109	90-110		
Electrical Conductivity umhos	1090			umhos/cm	1000		109	90-110		
Reference (BEI0826-SRM5)					Prepared & Analyzed: 9/22/2023					
Electrical Conductivity	1080			umhos/cm	1000		108	90-110		
Electrical Conductivity umhos	1080			umhos/cm	1000		108	90-110		

The results in this report apply to the samples as received and were analyzed in accordance with the chain of custody document. This analytical report must be reproduced in its entirety. All results listed in this report are for the exclusive use of the submitting party. Dellavalle Laboratory, Inc. assumes no responsibility for report alteration, separation, detachment or third party interpretation.

DELLAVALLE™ LABORATORY INC

G & H #2
16996 Sexton Rd
Escalon, CA 95320

Account# 00-0026218
Account Manager: Scott Sakamoto
Submitted By: Jeanette Sawyer

Received: 09/21/2023 16:12
Reported: 09/27/2023 14:43

Quality Control
(Continued)

Analyte	Result	Qual	Reporting Limit	Units	Spike Level	Source Result	%REC	%REC Limits	RPD	RPD Limit
Batch: BEI0827										
Blank (BEI0827-BLK1)					Prepared & Analyzed: 9/22/2023					
Temperature	25.0		0.0	units						
Electrical Conductivity	ND		0.01	mmhos/cm						
pH	6.5		1.0	units						
Electrical Conductivity umhos	ND		10.0	umhos/cm						
Blank (BEI0827-BLK2)					Prepared & Analyzed: 9/22/2023					
Electrical Conductivity	ND		0.01	mmhos/cm						
Temperature	25.0		0.0	units						
Electrical Conductivity umhos	ND		10.0	umhos/cm						
pH	7.3		1.0	units						
Blank (BEI0827-BLK3)					Prepared & Analyzed: 9/22/2023					
Electrical Conductivity	ND		0.01	mmhos/cm						
Temperature	25.0		0.0	units						
Electrical Conductivity umhos	ND		10.0	umhos/cm						
pH	7.2		1.0	units						
Duplicate (BEI0827-DUP1)		**Source: 23I1431-02**			Prepared & Analyzed: 9/22/2023					
Electrical Conductivity	8.42		0.01	mmhos/cm		8.42			0.0594	10
Electrical Conductivity umhos	8420		10.0	umhos/cm		8420			0.0594	10
pH	7.7		1.0	units		7.6			0.912	10
Duplicate (BEI0827-DUP2)		**Source: 23I1437-01**			Prepared & Analyzed: 9/22/2023					
Electrical Conductivity	0.28		0.01	mmhos/cm		0.28			0.247	10
pH	7.9		1.0	units		8.0			0.377	10
Electrical Conductivity umhos	283		10.0	umhos/cm		284			0.247	10
Reference (BEI0827-SRM1)					Prepared & Analyzed: 9/22/2023					
Electrical Conductivity	556			umhos/cm	538.0		103	90-110		
Reference (BEI0827-SRM2)					Prepared & Analyzed: 9/22/2023					
pH	5.8			units	5.820		100	28178-101.71		
Reference (BEI0827-SRM3)					Prepared & Analyzed: 9/22/2023					
Electrical Conductivity	1040			umhos/cm	1000		104	90-110		
Electrical Conductivity umhos	1040			umhos/cm	1000		104	90-110		
Reference (BEI0827-SRM4)					Prepared & Analyzed: 9/22/2023					
Electrical Conductivity	1040			umhos/cm	1000		104	90-110		
Electrical Conductivity umhos	1040			umhos/cm	1000		104	90-110		
Reference (BEI0827-SRM5)					Prepared & Analyzed: 9/22/2023					
Electrical Conductivity	1020			umhos/cm	1000		102	90-110		

The results in this report apply to the samples as received and were analyzed in accordance with the chain of custody document. This analytical report must be reproduced in its entirety. All results listed in this report are for the exclusive use of the submitting party. Dellavalle Laboratory, Inc. assumes no responsibility for report alteration, separation, detachment or third party interpretation.

DELLAVALLE™ LABORATORY INC

G & H #2
16996 Sexton Rd
Escalon, CA 95320

Account# 00-0026218
Account Manager: Scott Sakamoto
Submitted By: Jeanette Sawyer

Received: 09/21/2023 16:12
Reported: 09/27/2023 14:43

Quality Control
(Continued)

Analyte	Result	Qual	Reporting Limit	Units	Spike Level	Source Result	%REC	%REC Limits	RPD	RPD Limit
Batch: BEI0827 (Continued)										
Reference (BEI0827-SRM5)					Prepared & Analyzed: 9/22/2023					
Electrical Conductivity umhos	1020			umhos/cm	1000		102	90-110		
Reference (BEI0827-SRM6)					Prepared & Analyzed: 9/22/2023					
pH	4.0			units	4.000		100	97.5-102.5		
Reference (BEI0827-SRM7)					Prepared & Analyzed: 9/22/2023					
pH	4.0			units	4.000		100	97.5-102.5		
Reference (BEI0827-SRM8)					Prepared & Analyzed: 9/22/2023					
pH	4.0			units	4.000		100	97.5-102.5		

The results in this report apply to the samples as received and were analyzed in accordance with the chain of custody document. This analytical report must be reproduced in its entirety. All results listed in this report are for the exclusive use of the submitting party. Dellavalle Laboratory, Inc. assumes no responsibility for report alteration, separation, detachment or third party interpretation.

DELLAVALLE™ LABORATORY INC

G & H #2
16996 Sexton Rd
Escalon, CA 95320

Account# 00-0026218
Account Manager: Scott Sakamoto
Submitted By: Jeanette Sawyer

Received: 09/21/2023 16:12
Reported: 09/27/2023 14:43

Quality Control
(Continued)

Analyte	Result	Qual	Reporting Limit	Units	Spike Level	Source Result	%REC	%REC Limits	RPD	RPD Limit
Batch: BEI0831										
Blank (BEI0831-BLK1)					Prepared: 9/22/2023	Analyzed: 9/25/2023				
Kjeldahl Nitrogen (TKN), Total	ND		1.00	mg/L						
Total Nitrogen	ND		1.00	mg/L						
Blank (BEI0831-BLK2)					Prepared: 9/22/2023	Analyzed: 9/25/2023				
Kjeldahl Nitrogen (TKN), Total	ND		1.00	mg/L						
Total Nitrogen	ND		1.00	mg/L						
Blank (BEI0831-BLK3)					Prepared: 9/22/2023	Analyzed: 9/25/2023				
Kjeldahl Nitrogen (TKN), Total	ND		1.00	mg/L						
Total Nitrogen	ND		1.00	mg/L						
LCS (BEI0831-BS1)					Prepared: 9/22/2023	Analyzed: 9/25/2023				
Kjeldahl Nitrogen (TKN), Total	5.51		1.00	mg/L	5.709		96.5	90-110		
LCS (BEI0831-BS2)					Prepared: 9/22/2023	Analyzed: 9/25/2023				
Kjeldahl Nitrogen (TKN), Total	5.70		1.00	mg/L	5.709		99.9	90-110		
Duplicate (BEI0831-DUP1)		**Source: 23I1379-01**			Prepared: 9/22/2023	Analyzed: 9/25/2023				
Kjeldahl Nitrogen (TKN), Total	299		3.50	mg/L		304			1.52	10
Duplicate (BEI0831-DUP2)		**Source: 23I1425-05**			Prepared: 9/22/2023	Analyzed: 9/25/2023				
Kjeldahl Nitrogen (TKN), Total	ND		1.40	mg/L		ND				10
Matrix Spike (BEI0831-MS1)		**Source: 23I1379-01**			Prepared: 9/22/2023	Analyzed: 9/25/2023				
Kjeldahl Nitrogen (TKN), Total	322		3.50	mg/L	9.990	304	183	90-110		
Matrix Spike (BEI0831-MS2)		**Source: 23I1425-05**			Prepared: 9/22/2023	Analyzed: 9/25/2023				
Kjeldahl Nitrogen (TKN), Total	7.73		1.40	mg/L	7.992	ND	96.7	90-110		
Reference (BEI0831-SRM1)					Prepared: 9/22/2023	Analyzed: 9/25/2023				
Kjeldahl Nitrogen (TKN), Total	22.3			mg/L	23.80		93.7	90-110		

The results in this report apply to the samples as received and were analyzed in accordance with the chain of custody document. This analytical report must be reproduced in its entirety. All results listed in this report are for the exclusive use of the submitting party. Dellavalle Laboratory, Inc. assumes no responsibility for report alteration, separation, detachment or third party interpretation.

DELLAVALLE™ LABORATORY INC

G & H #2
16996 Sexton Rd
Escalon, CA 95320

Account# 00-0026218
Account Manager: Scott Sakamoto
Submitted By: Jeanette Sawyer

Received: 09/21/2023 16:12
Reported: 09/27/2023 14:43

Quality Control
(Continued)

Analyte	Result	Qual	Reporting Limit	Units	Spike Level	Source Result	%REC	%REC Limits	RPD	RPD Limit
Batch: BEI0870										
Blank (BEI0870-BLK1)					Prepared & Analyzed: 9/25/2023					
Temperature	25.0		0.0	units						
pH	5.8		1.0	units						
Blank (BEI0870-BLK2)					Prepared & Analyzed: 9/25/2023					
Temperature	25.0		0.0	units						
pH	6.3		1.0	units						
Blank (BEI0870-BLK3)					Prepared & Analyzed: 9/25/2023					
Temperature	25.0		0.0	units						
pH	5.7		1.0	units						
Duplicate (BEI0870-DUP1)		**Source: 23I1390-01**			Prepared & Analyzed: 9/25/2023					
pH	7.9		1.0	units		7.8			0.763	10
Duplicate (BEI0870-DUP2)		**Source: 23I1427-02**			Prepared & Analyzed: 9/25/2023					
pH	8.2		1.0	units		8.2			0.123	10
Reference (BEI0870-SRM2)					Prepared & Analyzed: 9/25/2023					
pH	5.9			units	5.820		101	28178-101.7		
Reference (BEI0870-SRM6)					Prepared & Analyzed: 9/25/2023					
pH	4.0			units	4.000		100	97.5-102.5		
Reference (BEI0870-SRM7)					Prepared & Analyzed: 9/25/2023					
pH	4.0			units	4.000		101	97.5-102.5		
Reference (BEI0870-SRM8)					Prepared & Analyzed: 9/25/2023					
pH	4.1			units	4.000		102	97.5-102.5		

The results in this report apply to the samples as received and were analyzed in accordance with the chain of custody document. This analytical report must be reproduced in its entirety. All results listed in this report are for the exclusive use of the submitting party. Dellavalle Laboratory, Inc. assumes no responsibility for report alteration, separation, detachment or third party interpretation.

09/21/23 16:12 2311429

DELLAVALLE LABORATORY, INC.

1910 W. McKinley Avenue, Suite 110 • Fresno, CA 93728
www.dellavallelab.com 559 233-6129 · 800 228-9896 · Fax 559 268-8174

JG

Purchase Order No | Bill To: Acct # 26268 0 | Cons # 13

No. Samples: 2 | No of Bottles:

AWS 9/21/23

Results Need By

Water Type: [ ] Drinking Water [ ] Wastewater [ ] Ag Water [ ] Groundwater [ ] Monitoring Well

Name: G&H #2

Address: 16996 Sexton Rd

City: Escalon **State:** CA **Zip:** 95320

Telephone: 209 838-8685 **Fax:**

Cell/Email:

COPY TO: F&R Ag Services
& J Sawyer @ Fragservices.com

REQUESTED BY: Jeanette Sawyer

PROJECT:

CROP:

Other:

Analysis and Bottles Required: (*Please indicate Analysis*)

DWW1

[ ] Co. Health Dept
[ ] RWQCB [ ] Copy of Chain
[ ] State Forms [ ] QA/QC Documents

Sampled By:

	Description of Samples	Date Sampled	Time Sampled	Rec'd Temp °C	Field EC
1	DW New Well	9/20/23	7AM	14.0	
2	Trailers	↓		6.8	
3					
4					
5					
6					
7					
8					
9					
10					

IR Thermometer SN: 200560723
Correction Factor: 0°C
Calibration Due: 9/26/2023
Location: Laboratory

CHAIN OF CUSTODY

Carrier	Signature	Company	Received (Date/Time)	Relinquished (Date/Time)
First	Jeanette Sawyer	F&R Ag Services		
Second	[illegible]	DLV	9:21 9:50a	
Third				
Fourth	[illegible]	DLV	9/21/23 16:12	

I guarantee that as the client, or on behalf of client named, I have the authority to contract the above requested services. Should it be found that I do not have such authority, I agree to be personally liable for all costs and, if there should be action against me for this breach, reasonable attorneys' fees. It is understood that payment is expected to be cash with samples unless terms have been previously arranged. Terms are net 30 days; overdue accounts will be charged a liquidated damage fee of 2% per month (annually 24%) or $5.00 per month whichever is greater.

If payment is not made when due and a legitimate dispute exists concerning the product or services of Dellavalle Laboratory, Inc., it will be submitted to mediation under the Rules and Procedures of Creative Alternative to Litigation, Inc. (*cal*). If the dispute is not resolved in mediation, then the dispute will be submitted to binding arbitration through *cal* under its Rules and Procedures. The parties will equally bear the costs of mediation/arbitration. If, however, the mediator declares that no legitimate dispute exists, then debtor will pay all mediation and arbitration costs, and in the event of arbitration, reasonable attorneys' fees of Dellavalle Laboratory.

Invoicing Information:

Sampling hrs
Miles
Consulting

Shipping
$ In
$ Out

Amt Paid	Rec By	Check #	Date

Signature
Sample received in cooler with ice (coolant)
[ ] Yes [ ] No

09/21/23 16:12 23I1429

Shipping Information: Shipped In ☐ Picked-Up ☒ Walk In ☐ DLI Sampler ☐ Other ☐ _____

☐ Samples refridgerated before pick up ☐ Picked up samples placed in Ice chest

Container: Ice Chest ☒ Box ☐ None ☐ **Refrigerant:** Wet Ice ☐ ☒ Blue Ice ☐ None ☐

Samples Preserved with HNO_3 or H_2SO_4 were: ☐ Received Preserved ☒ Preserved Upon Receipt at Laboratory

Type of Container(s) Received		Sample Number 1	2	3	4	5	6	7	8	9	10
Sample Containers for Internal (DLI) Use *(Containers that go into the Lab)*											
Plastics	100 mL sterile plastic $Na_2S_2O_3$ (Green)										
	250 mL unpreserved (White) Plastic	1	1								
	250 mL HNO_3 (Red) Plastic										
	* pH Value										
	250 mL H_2SO_4 (Yellow) Plastic	1	1								
	* pH Value	<2	<2								
	500 mL unpreserved (White) Plastic										
	1 L unpreserved (White) Plastic										
	1 L unpreserved (BOD) (Purple) Plastic										
Special	500mL unpreserved (White) Glass										
	PO4-P Kit										
	Other:										
Sample Containers for Subcontracted ("Send Out") Analyses *(Containers that go in the Subcontract ("Send Out") Refrigerator)*											
Plastics	100 mL sterile plastic $Na_2S_2O_3$ (Green)										
	250 mL unpreserved (White) Plastic										
	250 mL HNO_3 (Red) Plastic										
	250 mL H_2SO_4 (Yellow) Plastic										
	500 mL HNO_3 (Red)										
	1 L unpreserved (White) Plastic										
	1 L unpreserved (BOD) (Purple) Plastic										
	1 L HNO_3 (Red)										
VOA Vials	40 mL VOA, $Na_2S_2O_3$ + MCAA (EPA531)										
	40 mL VOA, $Na_2S_2O_3$ (EPA547)										
	40mL AG VOA unpreserved (White) (Set of 3)										
	40 mL AG VOA, $Na_2S_2O_3$ (Green) (Set of 3)										
	40mL VOA, H_3PO_4 (Set of 3)										
	40 mL VOA, HCl (Blue) (Set of 3)										
	40 mL VOA, $Na_2S_2O_3$ (Green) (Set of 3)										
Glass	250 mL AG unpreserved (White)										
	250 mL AG H_2SO_4 (Yellow)										
	250 mL AG $Na_2S_2O_3$ (Green)										
	250 mL AG $Na_2S_2O_3$ + MCAA										
	500 mL glass unpreserved (White)										
	500 mL AG HCl (Blue)										
	1 L AG unpreserved (White)										
	1 L AG H_2SO_4 (Yellow)										
	1 L AG $Na_2S_2O_3$ (Green)										
	1 L AG HCl (Blue)										
Special	Cr^{6+} - 50mL Plastic w/Borate/HCO_3/CO_3										
	Cyanide - 500 mL NaOH										
	Asbestos - 1L P wrapped in foil (Set of 2)										
	Sulfide - 1 L **AG** or **P** NaOH + ZnAc										
	Chlorite/Bromate - 250 mL AG with EDA										
	HAA5 - 250mL AG Ammonium Chlorite										
	Other:										

pH Strips
Lot: 10BDH4501 Exp: Jan 2025

DRAFT
DO NOT SEND OUT

2023 Annual Report - G&H Dairy #2

Final Audit Report 2024-05-07

Created:	2024-05-06
By:	Vince Furtado (vfurtado@fragservices.com)
Status:	Signed
Transaction ID:	CBJCHBCAABAAZwTysx-Fi2BTQMZU4p919lmFdmt9JWAz

"2023 Annual Report - G&H Dairy #2" History

Document created by Vince Furtado (vfurtado@fragservices.com)
2024-05-06 - 11:48:01 PM GMT

Document emailed to gandhdairy@yahoo.com for signature
2024-05-06 - 11:50:11 PM GMT

Email viewed by gandhdairy@yahoo.com
2024-05-07 - 5:54:16 PM GMT

Signer gandhdairy@yahoo.com entered name at signing as Gerard Van de Pol
2024-05-07 - 5:55:17 PM GMT

Document e-signed by Gerard Van de Pol (gandhdairy@yahoo.com)
Signature Date: 2024-05-07 - 5:55:19 PM GMT - Time Source: server

Agreement completed.
2024-05-07 - 5:55:19 PM GMT