Annual Report - General Order No. R5-2007-0035
Reporting period 01/01/2023 to 12/31/2023.

DAIRY FACILITY INFORMATION

A. NAME OF DAIRY OR BUSINESS OPERATING THE DAIRY: Joe Gomes Dairy

Physical address of dairy:

17265 Swanson RD	Delhi	Merced	95315
Number and Street	City	County	Zip Code

Street and nearest cross street (if no address):

Date facility was originally placed in operation: 01/01/1960

Regional Water Quality Control Board Basin Plan designation: San Joaquin River Basin

County Assessor Parcel Number(s) for dairy facility:

X046-X200-X024-XXXX

B. OPERATORS

Gomes, Joe

Operator name: Gomes, Joe

Telephone no.: (209) 652-7808 (Landline) (Cellular)

17265 Swanson RD	Delhi	CA	95315
Mailing Address Number and Street	City	State	Zip Code

This operator is responsible for paying permit fees.

C. OWNERS

Gomes, Joe

Legal owner name: Gomes, Joe

Telephone no.: (209) 652-7808 (Landline) (Cellular)

17265 Swanson RD	Delhi	CA	95315
Mailing Address Number and Street	City	State	Zip Code

This owner is responsible for paying permit fees.

Annual Report - General Order No. R5-2007-0035
Reporting period 01/01/2023 to 12/31/2023.

AVAILABLE NUTRIENTS

A. HERD INFORMATION

	Milk Cows	Dry Cows	Bred Heifers (15-24 mo.)	Heifers (7-14 mo. to breeding)	Calves (4-6 mo.)	Calves (0-3 mo.)
Number open confinement	0	0	0	0	0	0
Number under roof	438	1	152	84	0	0
Maximum number	438	1	152	84	0	0
Average number	438	1	152	84	0	0
Avg live weight (lbs)	1,400	1,450	900	700		

Predominant milk cow breed: Holstein

Average milk production: 71 *pounds per cow per day*

B. MANURE GENERATED

Total manure excreted by the herd: 13,636.01 *tons per reporting period*

Total nitrogen from manure: 170,147.48 *lbs per reporting period*

After ammonia losses (30% loss applied): 119,103.24 *lbs per reporting period*

Total phosphorus from manure: 28,806.52 *lbs per reporting period*

Total potassium from manure: 84,168.81 *lbs per reporting period*

Total salt from manure: 206,462.25 *lbs per reporting period*

C. PROCESS WASTEWATER GENERATED

Process wastewater generated: 2,445,000 *gallons*

Total nitrogen generated: 5,111.08 *lbs*

Total phosphorus generated: 1,289.50 *lbs*

Total potassium generated: 7,936.97 *lbs*

Total salt generated: 33,461.78 *lbs*

	2,445,000	*gallons applied*
+	0	*gallons exported*
-	0	*gallons imported*
=	2,445,000	*gallons generated*

D. FRESH WATER SOURCES

Source Description	Type
Domestic Well - 10465 Merced Well	Ground water
Domestic Well - 17420 Swanson Well	Ground water
Domestic Well - 3HP Delhi	Ground water
Domestic Well - 5HP Delhi	Ground water
Irrigation Water - Canal	Surface water

E. SUBSURFACE (TILE) DRAINAGE SOURCES

No subsurface (tile) drainage sources entered.

F. NUTRIENT IMPORTS

No dry manure nutrient imports entered.

No process wastewater nutrient imports entered.

No commercial or other nutrient imports entered.

G. NUTRIENT EXPORTS

Date	Material type	Quantity	Reporting basis	Moisture (%)	Density (lbs/cu ft)	N (mg/kg)	P (mg/kg)	K (mg/kg)	Salt (mg/kg)	TFS (%)
10/05/2023	Compost	800.00 *ton*	Dry-weight	5.4		20,300.00	5,200.00	25,200.00		0.00

No liquid nutrient exports entered.

Material type	Total N (lbs)	Total P (lbs)	Total K (lbs)	Total salt (lbs)
Dry manure	30,726.08	7,870.72	38,142.72	0.00
Process wastewater	0.00	0.00	0.00	0.00
Total exports for all materials	30,726.08	7,870.72	38,142.72	0.00

APPLICATION AREA

A. LIST OF LAND APPLICATION AREAS

Field name	Controlled acres	Cropable acres	Total harvests	Type of waste applied	Parcel number
Back Field	8	8	2	manure	X046-X200-X024-XXXX
Lagoon	29	29	2	both	X046-X100-X025-XXXX
Road	13	13	2	manure	X046-X200-X024-XXXX
Trees	28	28	2	manure	X046-X200-X013-XXXX
Totals for areas that were used for application	78	78	8		
Totals for areas that were not used for application					
Land application area totals	78	78	8		

B. CROPS AND HARVESTS

Back Field

Field name: Back Field

11/26/2022: Oats, silage-soft dough

Crop: Oats, silage-soft dough Acres planted: 8 Plant date: 11/26/2022

Harvest date	Yield	Reporting basis	Density (lbs/cu ft)	Moisture (%)	N (mg/kg)	P (mg/kg)	K (mg/kg)	Salt (mg/kg)	TFS (%)
05/15/2023	115.31 *ton*	Dry-weight		66.8	12,800.00	4,000.00	24,000.00		10.50

	Yield (tons/acre)	Total N (lbs/acre)	Total P (lbs/acre)	Total K (lbs/acre)	Salt (lbs/acre)
Anticipated harvest content	16.00	160.00	25.60	132.80	0.00
Total actual harvest content	14.41	122.51	38.28	229.70	1,004.93

06/10/2023: Corn, silage

Crop: Corn, silage Acres planted: 8 Plant date: 06/10/2023

Harvest date	Yield	Reporting basis	Density (lbs/cu ft)	Moisture (%)	N (mg/kg)	P (mg/kg)	K (mg/kg)	Salt (mg/kg)	TFS (%)
10/02/2023	221.36 *ton*	Dry-weight		70.7	10,600.00	3,700.00	16,900.00		6.10

	Yield (tons/acre)	Total N (lbs/acre)	Total P (lbs/acre)	Total K (lbs/acre)	Salt (lbs/acre)
Anticipated harvest content	30.00	240.00	45.00	198.00	0.00
Total actual harvest content	27.67	171.87	59.99	274.03	989.09

Lagoon

Field name: Lagoon

11/26/2022: Oats, silage-soft dough

Crop: Oats, silage-soft dough Acres planted: 29 Plant date: 11/26/2022

Harvest date	Yield	Reporting basis	Density (lbs/cu ft)	Moisture (%)	N (mg/kg)	P (mg/kg)	K (mg/kg)	Salt (mg/kg)	TFS (%)
05/15/2023	378.87 *ton*	Dry-weight		67.0	19,100.00	4,000.00	28,100.00		12.60

	Yield (tons/acre)	Total N (lbs/acre)	Total P (lbs/acre)	Total K (lbs/acre)	Salt (lbs/acre)
Anticipated harvest content	16.00	160.00	25.60	132.80	0.00
Total actual harvest content	13.06	164.69	34.49	242.29	1,086.44

06/10/2023: Corn, silage

Crop: Corn, silage Acres planted: 29 Plant date: 06/10/2023

Harvest date	Yield	Reporting basis	Density (lbs/cu ft)	Moisture (%)	N (mg/kg)	P (mg/kg)	K (mg/kg)	Salt (mg/kg)	TFS (%)
10/02/2023	850.71 *ton*	Dry-weight		69.3	13,200.00	3,100.00	15,500.00		5.60

	Yield (tons/acre)	Total N (lbs/acre)	Total P (lbs/acre)	Total K (lbs/acre)	Salt (lbs/acre)
Anticipated harvest content	30.00	240.00	45.00	198.00	0.00
Total actual harvest content	29.33	237.75	55.84	279.18	1,008.65

Road

Field name: Road

11/26/2022: Oats, silage-soft dough

Crop: Oats, silage-soft dough Acres planted: 13 Plant date: 11/26/2022

Harvest date	Yield	Reporting basis	Density (lbs/cu ft)	Moisture (%)	N (mg/kg)	P (mg/kg)	K (mg/kg)	Salt (mg/kg)	TFS (%)
05/15/2023	180.12 *ton*	Dry-weight		66.8	12,800.00	4,000.00	24,000.00		10.50

	Yield (tons/acre)	Total N (lbs/acre)	Total P (lbs/acre)	Total K (lbs/acre)	Salt (lbs/acre)
Anticipated harvest content	16.00	160.00	25.60	132.80	0.00
Total actual harvest content	13.86	117.76	36.80	220.80	966.00

Road

06/10/2023: Corn, silage

Crop: Corn, silage Acres planted: 13 Plant date: 06/10/2023

Harvest date	Yield	Reporting basis	Density (lbs/cu ft)	Moisture (%)	N (mg/kg)	P (mg/kg)	K (mg/kg)	Salt (mg/kg)	TFS (%)
10/02/2023	375.33 *ton*	Dry-weight		70.7	10,600.00	3,700.00	16,900.00		6.10

	Yield (tons/acre)	Total N (lbs/acre)	Total P (lbs/acre)	Total K (lbs/acre)	Salt (lbs/acre)
Anticipated harvest content	30.00	240.00	45.00	198.00	0.00
Total actual harvest content	28.87	179.34	62.60	285.93	1,032.04

Trees

Field name: Trees

11/26/2022: Oats, silage-soft dough

Crop: Oats, silage-soft dough Acres planted: 28 Plant date: 11/26/2022

Harvest date	Yield	Reporting basis	Density (lbs/cu ft)	Moisture (%)	N (mg/kg)	P (mg/kg)	K (mg/kg)	Salt (mg/kg)	TFS (%)
05/15/2023	372.55 *ton*	Dry-weight		70.4	13,000.00	4,300.00	25,900.00		11.00

	Yield (tons/acre)	Total N (lbs/acre)	Total P (lbs/acre)	Total K (lbs/acre)	Salt (lbs/acre)
Anticipated harvest content	16.00	160.00	25.60	132.80	0.00
Total actual harvest content	13.31	102.40	33.87	204.01	866.44

06/10/2023: Corn, silage

Crop: Corn, silage Acres planted: 28 Plant date: 06/10/2023

Harvest date	Yield	Reporting basis	Density (lbs/cu ft)	Moisture (%)	N (mg/kg)	P (mg/kg)	K (mg/kg)	Salt (mg/kg)	TFS (%)
10/02/2023	789.83 *ton*	Dry-weight		71.6	12,700.00	3,400.00	24,300.00		7.90

	Yield (tons/acre)	Total N (lbs/acre)	Total P (lbs/acre)	Total K (lbs/acre)	Salt (lbs/acre)
Anticipated harvest content	30.00	240.00	45.00	198.00	0.00
Total actual harvest content	28.21	203.48	54.48	389.34	1,265.76

NUTRIENT BUDGET

A. LAND APPLICATIONS

Back Field - 11/26/2022: Oats, silage-soft dough

Field name: Back Field

Crop: Oats, silage-soft dough — Plant date: 11/26/2022

Application date	Application method	Precipitation 24 hours prior	Precipitation during application	Precipitation 24 hours following
10/20/2022	Surface (irrigation)	No precipitation	No precipitation	No precipitation

Source description	Material type	N (lbs/acre)	P (lbs/acre)	K (lbs/acre)	Salt (lbs/acre)	Amount
Irrigation Water - Canal	Surface water	0.00	0.00	0.00	43.56	1,347,000.00 *gal*
Application event totals		0.00	0.00	0.00	43.56	

Application date	Application method	Precipitation 24 hours prior	Precipitation during application	Precipitation 24 hours following
04/26/2023	Surface (irrigation)	No precipitation	No precipitation	No precipitation

Source description	Material type	N (lbs/acre)	P (lbs/acre)	K (lbs/acre)	Salt (lbs/acre)	Amount
Irrigation Water - Canal	Surface water	0.00	0.00	0.00	44.65	1,380,675.00 *gal*
Application event totals		0.00	0.00	0.00	44.65	

Application date	Application method	Precipitation 24 hours prior	Precipitation during application	Precipitation 24 hours following
10/03/2023	Broadcast/incorporate	No precipitation	No precipitation	No precipitation

Source description	Material type	N (lbs/acre)	P (lbs/acre)	K (lbs/acre)	Salt (lbs/acre)	Amount
Solid Manure	Corral solids	158.76	57.33	288.12	0.00	70.00 *ton*
Application event totals		158.76	57.33	288.12	0.00	

Back Field - 06/10/2023: Corn, silage

Field name: Back Field

Crop: Corn, silage — Plant date: 06/10/2023

Application date	Application method	Precipitation 24 hours prior	Precipitation during application	Precipitation 24 hours following
05/16/2023	Broadcast/incorporate	No precipitation	No precipitation	No precipitation

Source description	Material type	N (lbs/acre)	P (lbs/acre)	K (lbs/acre)	Salt (lbs/acre)	Amount
Solid Manure	Corral solids	204.12	73.71	370.44	0.00	90.00 *ton*
Application event totals		204.12	73.71	370.44	0.00	

Back Field - 06/10/2023: Corn, silage

Application date	Application method	Precipitation 24 hours prior	Precipitation during application	Precipitation 24 hours following
05/30/2023	Surface (irrigation)	No precipitation	No precipitation	No precipitation

Source description	Material type	N (lbs/acre)	P (lbs/acre)	K (lbs/acre)	Salt (lbs/acre)	Amount
Irrigation Water - Canal	Surface water	0.00	0.00	0.00	42.47	1,313,325.00 *gal*
Application event totals		0.00	0.00	0.00	42.47	

Application date	Application method	Precipitation 24 hours prior	Precipitation during application	Precipitation 24 hours following
07/16/2023	Surface (irrigation)	No precipitation	No precipitation	No precipitation

Source description	Material type	N (lbs/acre)	P (lbs/acre)	K (lbs/acre)	Salt (lbs/acre)	Amount
Irrigation Water - Canal	Surface water	0.00	0.00	0.00	40.29	1,245,975.00 *gal*
Application event totals		0.00	0.00	0.00	40.29	

Application date	Application method	Precipitation 24 hours prior	Precipitation during application	Precipitation 24 hours following
07/29/2023	Surface (irrigation)	No precipitation	No precipitation	No precipitation

Source description	Material type	N (lbs/acre)	P (lbs/acre)	K (lbs/acre)	Salt (lbs/acre)	Amount
Irrigation Water - Canal	Surface water	0.00	0.00	0.00	40.29	1,245,975.00 *gal*
Application event totals		0.00	0.00	0.00	40.29	

Application date	Application method	Precipitation 24 hours prior	Precipitation during application	Precipitation 24 hours following
08/10/2023	Surface (irrigation)	No precipitation	No precipitation	No precipitation

Source description	Material type	N (lbs/acre)	P (lbs/acre)	K (lbs/acre)	Salt (lbs/acre)	Amount
Irrigation Water - Canal	Surface water	0.00	0.00	0.00	41.38	1,279,650.00 *gal*
Application event totals		0.00	0.00	0.00	41.38	

Application date	Application method	Precipitation 24 hours prior	Precipitation during application	Precipitation 24 hours following
08/22/2023	Surface (irrigation)	No precipitation	No precipitation	No precipitation

Source description	Material type	N (lbs/acre)	P (lbs/acre)	K (lbs/acre)	Salt (lbs/acre)	Amount
Irrigation Water - Canal	Surface water	0.00	0.00	0.00	39.20	1,212,300.00 *gal*
Application event totals		0.00	0.00	0.00	39.20	

Application date	Application method	Precipitation 24 hours prior	Precipitation during application	Precipitation 24 hours following
09/03/2023	Surface (irrigation)	No precipitation	No precipitation	No precipitation

Source description	Material type	N (lbs/acre)	P (lbs/acre)	K (lbs/acre)	Salt (lbs/acre)	Amount
Irrigation Water - Canal	Surface water	0.00	0.00	0.00	40.29	1,245,975.00 *gal*
Application event totals		0.00	0.00	0.00	40.29	

Back Field - 06/10/2023: Corn, silage

Application date	Application method	Precipitation 24 hours prior	Precipitation during application	Precipitation 24 hours following
09/16/2023	Surface (irrigation)	No precipitation	No precipitation	No precipitation

Source description	Material type	N (lbs/acre)	P (lbs/acre)	K (lbs/acre)	Salt (lbs/acre)	Amount
Irrigation Water - Canal	Surface water	0.00	0.00	0.00	39.20	1,212,300.00 *gal*
Application event totals		0.00	0.00	0.00	39.20	

Lagoon - 11/26/2022: Oats, silage-soft dough

Field name: Lagoon

Crop: Oats, silage-soft dough

Plant date: 11/26/2022

Application date	Application method	Precipitation 24 hours prior	Precipitation during application	Precipitation 24 hours following
10/20/2022	Surface (irrigation)	No precipitation	No precipitation	No precipitation

Source description	Material type	N (lbs/acre)	P (lbs/acre)	K (lbs/acre)	Salt (lbs/acre)	Amount
Lagoon Water	Process wastewater	31.14	7.86	48.36	203.87	432,000.00 *gal*
Irrigation Water - Canal	Surface water	0.00	0.00	0.00	41.05	4,602,250.00 *gal*
Application event totals		31.14	7.86	48.36	244.93	

04/26/2023	Surface (irrigation)	No precipitation	No precipitation	No precipitation

Source description	Material type	N (lbs/acre)	P (lbs/acre)	K (lbs/acre)	Salt (lbs/acre)	Amount
Lagoon Water	Process wastewater	32.87	8.29	51.04	215.20	456,000.00 *gal*
Irrigation Water - Canal	Surface water	0.00	0.00	0.00	40.05	4,490,000.00 *gal*
Application event totals		32.87	8.29	51.04	255.25	

10/03/2023	Broadcast/incorporate	No precipitation	No precipitation	No precipitation

Source description	Material type	N (lbs/acre)	P (lbs/acre)	K (lbs/acre)	Salt (lbs/acre)	Amount
Solid Manure	Corral solids	125.13	45.19	227.09	0.00	200.00 *ton*
Application event totals		125.13	45.19	227.09	0.00	

Lagoon - 06/10/2023: Corn, silage

Lagoon - 06/10/2023: Corn, silage

Field name: Lagoon

Crop: Corn, silage

Plant date: 06/10/2023

Application date	Application method	Precipitation 24 hours prior	Precipitation during application	Precipitation 24 hours following
05/16/2023	Broadcast/incorporate	No precipitation	No precipitation	No precipitation

Source description	Material type	N (lbs/acre)	P (lbs/acre)	K (lbs/acre)	Salt (lbs/acre)	Amount
Solid Manure	Corral solids	187.70	67.78	340.63	0.00	300.00 *ton*
Application event totals		187.70	67.78	340.63	0.00	

Application date	Application method	Precipitation 24 hours prior	Precipitation during application	Precipitation 24 hours following
05/30/2023	Pipeline	No precipitation	No precipitation	No precipitation

Source description	Material type	N (lbs/acre)	P (lbs/acre)	K (lbs/acre)	Salt (lbs/acre)	Amount
Irrigation Water - Canal	Surface water	0.00	0.00	0.00	41.76	4,680,825.00 *gal*
Application event totals		0.00	0.00	0.00	41.76	

Application date	Application method	Precipitation 24 hours prior	Precipitation during application	Precipitation 24 hours following
07/16/2023	Surface (irrigation)	No precipitation	No precipitation	No precipitation

Source description	Material type	N (lbs/acre)	P (lbs/acre)	K (lbs/acre)	Salt (lbs/acre)	Amount
Irrigation Water - Canal	Surface water	0.00	0.00	0.00	40.85	4,579,800.00 *gal*
Application event totals		0.00	0.00	0.00	40.85	

Application date	Application method	Precipitation 24 hours prior	Precipitation during application	Precipitation 24 hours following
07/29/2023	Surface (irrigation)	No precipitation	No precipitation	No precipitation

Source description	Material type	N (lbs/acre)	P (lbs/acre)	K (lbs/acre)	Salt (lbs/acre)	Amount
Lagoon Water	Process wastewater	28.11	7.09	43.66	184.05	390,000.00 *gal*
Irrigation Water - Canal	Surface water	0.00	0.00	0.00	40.25	4,512,450.00 *gal*
Application event totals		28.11	7.09	43.66	224.30	

Application date	Application method	Precipitation 24 hours prior	Precipitation during application	Precipitation 24 hours following
08/10/2023	Surface (irrigation)	No precipitation	No precipitation	No precipitation

Source description	Material type	N (lbs/acre)	P (lbs/acre)	K (lbs/acre)	Salt (lbs/acre)	Amount
Lagoon Water	Process wastewater	27.68	6.98	42.98	181.22	384,000.00 *gal*
Irrigation Water - Canal	Surface water	0.00	0.00	0.00	40.55	4,546,125.00 *gal*
Application event totals		27.68	6.98	42.98	221.77	

Lagoon - 06/10/2023: Corn, silage

Application date	Application method	Precipitation 24 hours prior	Precipitation during application	Precipitation 24 hours following
08/22/2023	Surface (irrigation)	No precipitation	No precipitation	No precipitation

Source description	Material type	N (lbs/acre)	P (lbs/acre)	K (lbs/acre)	Salt (lbs/acre)	Amount
Lagoon Water	Process wastewater	28.33	7.15	43.99	185.47	393,000.00 *gal*
Irrigation Water - Canal	Surface water	0.00	0.00	0.00	40.85	4,579,800.00 *gal*
Application event totals		28.33	7.15	43.99	226.32	

Application date	Application method	Precipitation 24 hours prior	Precipitation during application	Precipitation 24 hours following
09/03/2023	Surface (irrigation)	No precipitation	No precipitation	No precipitation

Source description	Material type	N (lbs/acre)	P (lbs/acre)	K (lbs/acre)	Salt (lbs/acre)	Amount
Lagoon Water	Process wastewater	28.11	7.09	43.66	184.05	390,000.00 *gal*
Irrigation Water - Canal	Surface water	0.00	0.00	0.00	41.45	4,647,150.00 *gal*
Application event totals		28.11	7.09	43.66	225.51	

Application date	Application method	Precipitation 24 hours prior	Precipitation during application	Precipitation 24 hours following
09/16/2023	Surface (irrigation)	No precipitation	No precipitation	No precipitation

Source description	Material type	N (lbs/acre)	P (lbs/acre)	K (lbs/acre)	Salt (lbs/acre)	Amount
Irrigation Water - Canal	Surface water	0.00	0.00	0.00	42.06	4,714,500.00 *gal*
Application event totals		0.00	0.00	0.00	42.06	

Road - 11/26/2022: Oats, silage-soft dough

Field name: Road

Crop: Oats, silage-soft dough

Plant date: 11/26/2022

Application date	Application method	Precipitation 24 hours prior	Precipitation during application	Precipitation 24 hours following
10/21/2022	Surface (irrigation)	No precipitation	No precipitation	No precipitation

Source description	Material type	N (lbs/acre)	P (lbs/acre)	K (lbs/acre)	Salt (lbs/acre)	Amount
Irrigation Water - Canal	Surface water	0.00	0.00	0.00	42.89	2,155,200.00 *gal*
Application event totals		0.00	0.00	0.00	42.89	

Road - 11/26/2022: Oats, silage-soft dough

Application date	Application method	Precipitation 24 hours prior	Precipitation during application	Precipitation 24 hours following
04/27/2023	Surface (irrigation)	No precipitation	No precipitation	No precipitation

Source description	Material type	N (lbs/acre)	P (lbs/acre)	K (lbs/acre)	Salt (lbs/acre)	Amount
Irrigation Water - Canal	Surface water	0.00	0.00	0.00	41.55	2,087,850.00 *gal*
Application event totals		0.00	0.00	0.00	41.55	

Application date	Application method	Precipitation 24 hours prior	Precipitation during application	Precipitation 24 hours following
10/03/2023	Broadcast/incorporate	No precipitation	No precipitation	No precipitation

Source description	Material type	N (lbs/acre)	P (lbs/acre)	K (lbs/acre)	Salt (lbs/acre)	Amount
Solid Manure	Corral solids	153.53	55.44	278.62	0.00	110.00 *ton*
Application event totals		153.53	55.44	278.62	0.00	

Road - 06/10/2023: Corn, silage

Field name: Road

Crop: Corn, silage

Plant date: 06/10/2023

Application date	Application method	Precipitation 24 hours prior	Precipitation during application	Precipitation 24 hours following
05/16/2023	Broadcast/incorporate	No precipitation	No precipitation	No precipitation

Source description	Material type	N (lbs/acre)	P (lbs/acre)	K (lbs/acre)	Salt (lbs/acre)	Amount
Solid Manure	Corral solids	209.35	75.60	379.94	0.00	150.00 *ton*
Application event totals		209.35	75.60	379.94	0.00	

Application date	Application method	Precipitation 24 hours prior	Precipitation during application	Precipitation 24 hours following
05/31/2023	Surface (irrigation)	No precipitation	No precipitation	No precipitation

Source description	Material type	N (lbs/acre)	P (lbs/acre)	K (lbs/acre)	Salt (lbs/acre)	Amount
Irrigation Water - Canal	Surface water	0.00	0.00	0.00	42.22	2,121,525.00 *gal*
Application event totals		0.00	0.00	0.00	42.22	

Application date	Application method	Precipitation 24 hours prior	Precipitation during application	Precipitation 24 hours following
07/17/2023	Surface (irrigation)	No precipitation	No precipitation	No precipitation

Source description	Material type	N (lbs/acre)	P (lbs/acre)	K (lbs/acre)	Salt (lbs/acre)	Amount
Irrigation Water - Canal	Surface water	0.00	0.00	0.00	40.88	2,054,175.00 *gal*
Application event totals		0.00	0.00	0.00	40.88	

Road - 06/10/2023: Corn, silage

Application date	Application method	Precipitation 24 hours prior	Precipitation during application	Precipitation 24 hours following
07/30/2023	Surface (irrigation)	No precipitation	No precipitation	No precipitation

Source description	Material type	N (lbs/acre)	P (lbs/acre)	K (lbs/acre)	Salt (lbs/acre)	Amount
Irrigation Water - Canal	Surface water	0.00	0.00	0.00	42.89	2,155,200.00 *gal*
Application event totals		0.00	0.00	0.00	42.89	

Application date	Application method	Precipitation 24 hours prior	Precipitation during application	Precipitation 24 hours following
08/11/2023	Surface (irrigation)	No precipitation	No precipitation	No precipitation

Source description	Material type	N (lbs/acre)	P (lbs/acre)	K (lbs/acre)	Salt (lbs/acre)	Amount
Irrigation Water - Canal	Surface water	0.00	0.00	0.00	40.21	2,020,500.00 *gal*
Application event totals		0.00	0.00	0.00	40.21	

Application date	Application method	Precipitation 24 hours prior	Precipitation during application	Precipitation 24 hours following
08/23/2023	Surface (irrigation)	No precipitation	No precipitation	No precipitation

Source description	Material type	N (lbs/acre)	P (lbs/acre)	K (lbs/acre)	Salt (lbs/acre)	Amount
Irrigation Water - Canal	Surface water	0.00	0.00	0.00	42.22	2,121,525.00 *gal*
Application event totals		0.00	0.00	0.00	42.22	

Application date	Application method	Precipitation 24 hours prior	Precipitation during application	Precipitation 24 hours following
09/04/2023	Surface (irrigation)	No precipitation	No precipitation	No precipitation

Source description	Material type	N (lbs/acre)	P (lbs/acre)	K (lbs/acre)	Salt (lbs/acre)	Amount
Irrigation Water - Canal	Surface water	0.00	0.00	0.00	41.55	2,087,850.00 *gal*
Application event totals		0.00	0.00	0.00	41.55	

Application date	Application method	Precipitation 24 hours prior	Precipitation during application	Precipitation 24 hours following
09/17/2023	Surface (irrigation)	No precipitation	No precipitation	No precipitation

Source description	Material type	N (lbs/acre)	P (lbs/acre)	K (lbs/acre)	Salt (lbs/acre)	Amount
Irrigation Water - Canal	Surface water	0.00	0.00	0.00	42.89	2,155,200.00 *gal*
Application event totals		0.00	0.00	0.00	42.89	

Trees - 11/26/2022: Oats, silage-soft dough

Field name: Trees

Crop: Oats, silage-soft dough

Plant date: 11/26/2022

Application date	Application method	Precipitation 24 hours prior	Precipitation during application	Precipitation 24 hours following

Trees - 11/26/2022: Oats, silage-soft dough

Application date	Application method	Precipitation 24 hours prior	Precipitation during application	Precipitation 24 hours following
10/21/2022	Surface (irrigation)	No precipitation	No precipitation	No precipitation

Source description	Material type	N (lbs/acre)	P (lbs/acre)	K (lbs/acre)	Salt (lbs/acre)	Amount
Irrigation Water - Canal	Surface water	0.00	0.00	0.00	43.25	4,680,825.00 *gal*
Application event totals		0.00	0.00	0.00	43.25	

Application date	Application method	Precipitation 24 hours prior	Precipitation during application	Precipitation 24 hours following
04/27/2023	Surface (irrigation)	No precipitation	No precipitation	No precipitation

Source description	Material type	N (lbs/acre)	P (lbs/acre)	K (lbs/acre)	Salt (lbs/acre)	Amount
Irrigation Water - Canal	Surface water	0.00	0.00	0.00	42.31	4,579,800.00 *gal*
Application event totals		0.00	0.00	0.00	42.31	

Application date	Application method	Precipitation 24 hours prior	Precipitation during application	Precipitation 24 hours following
10/03/2023	Broadcast/incorporate	No precipitation	No precipitation	No precipitation

Source description	Material type	N (lbs/acre)	P (lbs/acre)	K (lbs/acre)	Salt (lbs/acre)	Amount
Solid Manure	Corral solids	129.60	46.80	235.20	0.00	200.00 *ton*
Application event totals		129.60	46.80	235.20	0.00	

Trees - 06/10/2023: Corn, silage

Field name: Trees

Crop: Corn, silage

Plant date: 06/10/2023

Application date	Application method	Precipitation 24 hours prior	Precipitation during application	Precipitation 24 hours following
05/16/2023	Broadcast/incorporate	No precipitation	No precipitation	No precipitation

Source description	Material type	N (lbs/acre)	P (lbs/acre)	K (lbs/acre)	Salt (lbs/acre)	Amount
Solid Manure	Corral solids	226.80	81.90	411.60	0.00	350.00 *ton*
Application event totals		226.80	81.90	411.60	0.00	

Application date	Application method	Precipitation 24 hours prior	Precipitation during application	Precipitation 24 hours following
05/31/2023	Surface (irrigation)	No precipitation	No precipitation	No precipitation

Source description	Material type	N (lbs/acre)	P (lbs/acre)	K (lbs/acre)	Salt (lbs/acre)	Amount
Irrigation Water - Canal	Surface water	0.00	0.00	0.00	42.00	4,546,125.00 *gal*
Application event totals		0.00	0.00	0.00	42.00	

Trees - 06/10/2023: Corn, silage

Application date	Application method	Precipitation 24 hours prior	Precipitation during application	Precipitation 24 hours following
07/17/2023	Surface (irrigation)	No precipitation	No precipitation	No precipitation

Source description	Material type	N (lbs/acre)	P (lbs/acre)	K (lbs/acre)	Salt (lbs/acre)	Amount
Irrigation Water - Canal	Surface water	0.00	0.00	0.00	42.31	4,579,800.00 *gal*
Application event totals		0.00	0.00	0.00	42.31	

07/30/2023	Surface (irrigation)	No precipitation	No precipitation	No precipitation

Source description	Material type	N (lbs/acre)	P (lbs/acre)	K (lbs/acre)	Salt (lbs/acre)	Amount
Irrigation Water - Canal	Surface water	0.00	0.00	0.00	41.69	4,512,450.00 *gal*
Application event totals		0.00	0.00	0.00	41.69	

08/11/2023	Surface (irrigation)	No precipitation	No precipitation	No precipitation

Source description	Material type	N (lbs/acre)	P (lbs/acre)	K (lbs/acre)	Salt (lbs/acre)	Amount
Irrigation Water - Canal	Surface water	0.00	0.00	0.00	42.62	4,613,475.00 *gal*
Application event totals		0.00	0.00	0.00	42.62	

08/23/2023	Surface (irrigation)	No precipitation	No precipitation	No precipitation

Source description	Material type	N (lbs/acre)	P (lbs/acre)	K (lbs/acre)	Salt (lbs/acre)	Amount
Irrigation Water - Canal	Surface water	0.00	0.00	0.00	42.00	4,546,125.00 *gal*
Application event totals		0.00	0.00	0.00	42.00	

09/04/2023	Surface (irrigation)	No precipitation	No precipitation	No precipitation

Source description	Material type	N (lbs/acre)	P (lbs/acre)	K (lbs/acre)	Salt (lbs/acre)	Amount
Irrigation Water - Canal	Surface water	0.00	0.00	0.00	41.69	4,512,450.00 *gal*
Application event totals		0.00	0.00	0.00	41.69	

09/17/2023	Surface (irrigation)	No precipitation	No precipitation	No precipitation

Source description	Material type	N (lbs/acre)	P (lbs/acre)	K (lbs/acre)	Salt (lbs/acre)	Amount
Irrigation Water - Canal	Surface water	0.00	0.00	0.00	42.31	4,579,800.00 *gal*
Application event totals		0.00	0.00	0.00	42.31	

B. NUTRIENT BUDGET

Back Field - 11/26/2022: Oats, silage-soft dough

Field name: Back Field | Crop: Oats, silage-soft dough | Plant date: 11/26/2022

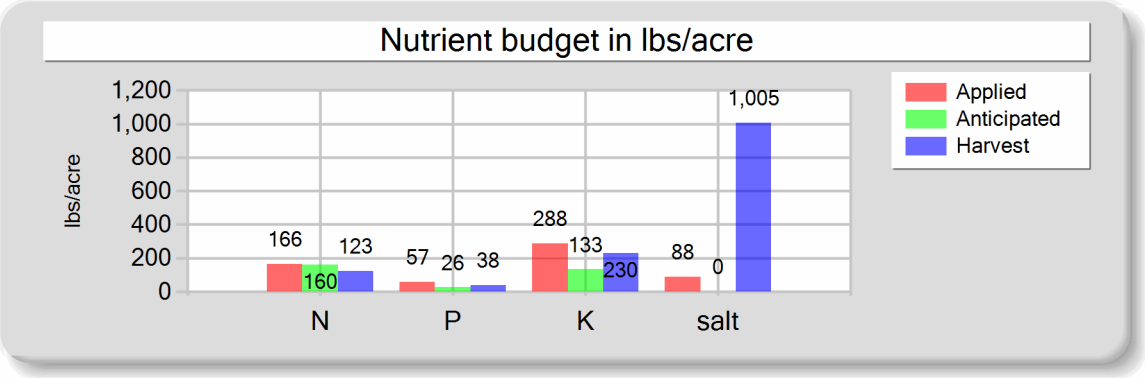

	Total N (lbs/acre)	Total P (lbs/acre)	Total K (lbs/acre)	Total salt (lbs/acre)
Existing soil nutrient content	0.00	0.00	0.00	0.00
Plowdown credit	0.00	0.00	0.00	0.00
Commercial fertilizer / Other	0.00	0.00	0.00	0.00
Dry manure	158.76	57.33	288.12	0.00
Process wastewater	0.00	0.00	0.00	0.00
Fresh water	0.00	0.00	0.00	88.20
Atmospheric deposition	7.00	0.00	0.00	0.00
Total nutrients applied	165.76	57.33	288.12	88.20
Anticipated crop nutrient removal	160.00	25.60	132.80	0.00
Actual crop nutrient removal	122.51	38.28	229.70	1,004.93
Nutrient balance	43.25	19.05	58.42	-916.72
Applied to removed ratio	1.35	1.50	1.25	0.09

Fresh water applied	
2,727,675.00	*gallons*
100.45	*acre-inches*
12.56	*inches/acre*

Process wastewater applied	
0.00	*gallons*
0.00	*acre-inches*
0.00	*inches/acre*

Total harvests for the crop	
1	*harvests*

Back Field - 06/10/2023: Corn, silage

Field name: Back Field Crop: Corn, silage Plant date: 06/10/2023

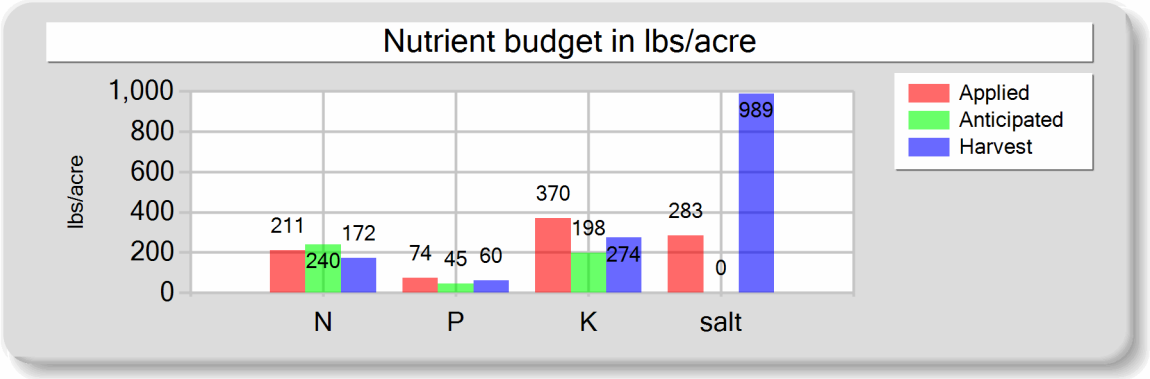

	Total N (lbs/acre)	Total P (lbs/acre)	Total K (lbs/acre)	Total salt (lbs/acre)
Existing soil nutrient content	0.00	0.00	0.00	0.00
Plowdown credit	0.00	0.00	0.00	0.00
Commercial fertilizer / Other	0.00	0.00	0.00	0.00
Dry manure	204.12	73.71	370.44	0.00
Process wastewater	0.00	0.00	0.00	0.00
Fresh water	0.00	0.00	0.00	283.13
Atmospheric deposition	7.00	0.00	0.00	0.00
Total nutrients applied	211.12	73.71	370.44	283.13
Anticipated crop nutrient removal	240.00	45.00	198.00	0.00
Actual crop nutrient removal	171.87	59.99	274.03	989.09
Nutrient balance	39.25	13.72	96.41	-705.97
Applied to removed ratio	1.23	1.23	1.35	0.29

Fresh water applied	
8,755,500.00	*gallons*
322.44	*acre-inches*
40.30	*inches/acre*

Process wastewater applied	
0.00	*gallons*
0.00	*acre-inches*
0.00	*inches/acre*

Total harvests for the crop	
1	*harvests*

Lagoon - 11/26/2022: Oats, silage-soft dough

Field name: Lagoon | Crop: Oats, silage-soft dough | Plant date: 11/26/2022

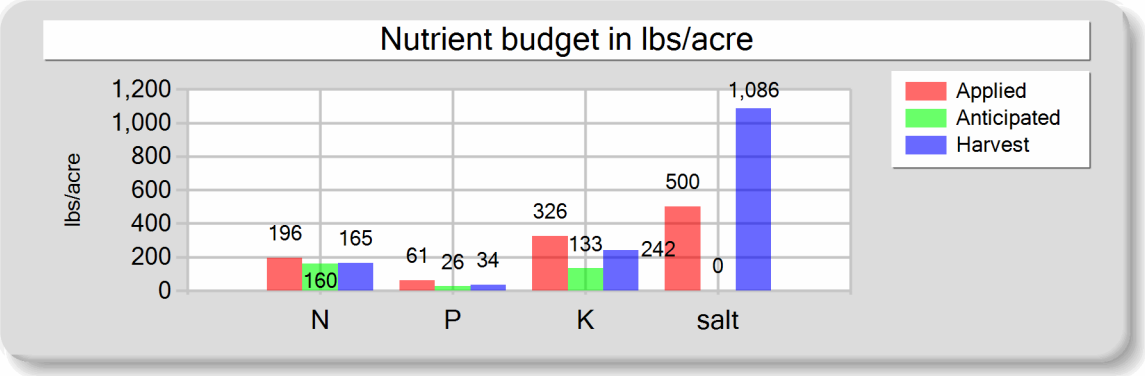

	Total N (lbs/acre)	Total P (lbs/acre)	Total K (lbs/acre)	Total salt (lbs/acre)
Existing soil nutrient content	0.00	0.00	0.00	0.00
Plowdown credit	0.00	0.00	0.00	0.00
Commercial fertilizer / Other	0.00	0.00	0.00	0.00
Dry manure	125.13	45.19	227.09	0.00
Process wastewater	64.01	16.15	99.40	419.07
Fresh water	0.00	0.00	0.00	81.11
Atmospheric deposition	7.00	0.00	0.00	0.00
Total nutrients applied	196.14	61.34	326.49	500.18
Anticipated crop nutrient removal	160.00	25.60	132.80	0.00
Actual crop nutrient removal	164.69	34.49	242.29	1,086.44
Nutrient balance	31.45	26.85	84.20	-586.27
Applied to removed ratio	1.19	1.78	1.35	0.46

Fresh water applied	
9,092,250.00	*gallons*
334.84	*acre-inches*
11.55	*inches/acre*

Process wastewater applied	
888,000.00	*gallons*
32.70	*acre-inches*
1.13	*inches/acre*

Total harvests for the crop	
1	*harvests*

Lagoon - 06/10/2023: Corn, silage

Field name: Lagoon | Crop: Corn, silage | Plant date: 06/10/2023

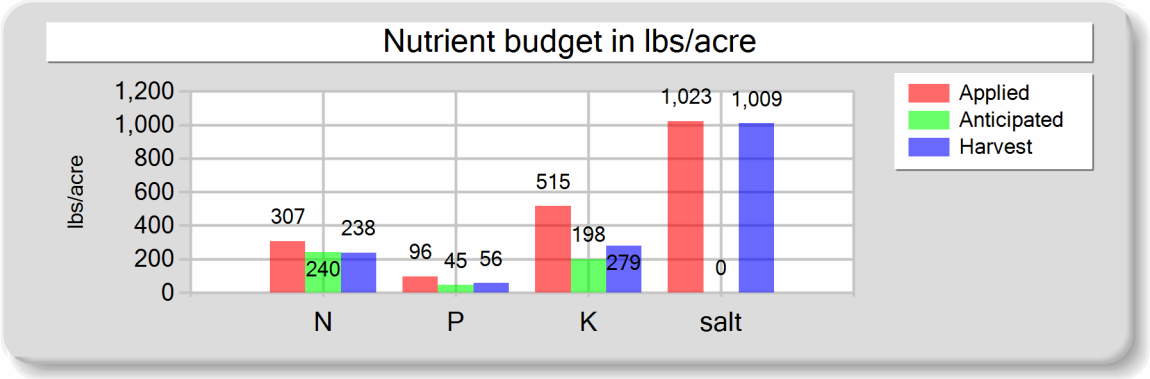

	Total N (lbs/acre)	Total P (lbs/acre)	Total K (lbs/acre)	Total salt (lbs/acre)
Existing soil nutrient content	0.00	0.00	0.00	0.00
Plowdown credit	0.00	0.00	0.00	0.00
Commercial fertilizer / Other	0.00	0.00	0.00	0.00
Dry manure	187.70	67.78	340.63	0.00
Process wastewater	112.23	28.32	174.29	734.79
Fresh water	0.00	0.00	0.00	287.78
Atmospheric deposition	7.00	0.00	0.00	0.00
Total nutrients applied	306.93	96.10	514.92	1,022.57
Anticipated crop nutrient removal	240.00	45.00	198.00	0.00
Actual crop nutrient removal	237.75	55.84	279.18	1,008.65
Nutrient balance	69.18	40.26	235.74	13.92
Applied to removed ratio	1.29	1.72	1.84	1.01

Fresh water applied	
32,260,650.00	*gallons*
1,188.05	*acre-inches*
40.97	*inches/acre*

Process wastewater applied	
1,557,000.00	*gallons*
57.34	*acre-inches*
1.98	*inches/acre*

Total harvests for the crop	
1	*harvests*

Road - 11/26/2022: Oats, silage-soft dough

Field name: Road | Crop: Oats, silage-soft dough | Plant date: 11/26/2022

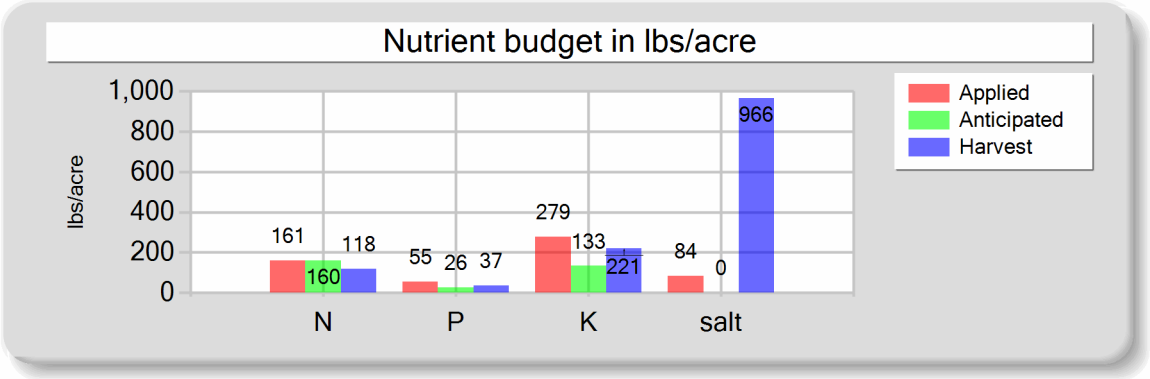

	Total N (lbs/acre)	Total P (lbs/acre)	Total K (lbs/acre)	Total salt (lbs/acre)
Existing soil nutrient content	0.00	0.00	0.00	0.00
Plowdown credit	0.00	0.00	0.00	0.00
Commercial fertilizer / Other	0.00	0.00	0.00	0.00
Dry manure	153.53	55.44	278.62	0.00
Process wastewater	0.00	0.00	0.00	0.00
Fresh water	0.00	0.00	0.00	84.44
Atmospheric deposition	7.00	0.00	0.00	0.00
Total nutrients applied	160.53	55.44	278.62	84.44
Anticipated crop nutrient removal	160.00	25.60	132.80	0.00
Actual crop nutrient removal	117.76	36.80	220.80	966.00
Nutrient balance	42.77	18.64	57.82	-881.56
Applied to removed ratio	1.36	1.51	1.26	0.09

Fresh water applied	
4,243,050.00	*gallons*
156.26	*acre-inches*
12.02	*inches/acre*

Process wastewater applied	
0.00	*gallons*
0.00	*acre-inches*
0.00	*inches/acre*

Total harvests for the crop	
1	*harvests*

Road - 06/10/2023: Corn, silage

Field name: Road | Crop: Corn, silage | Plant date: 06/10/2023

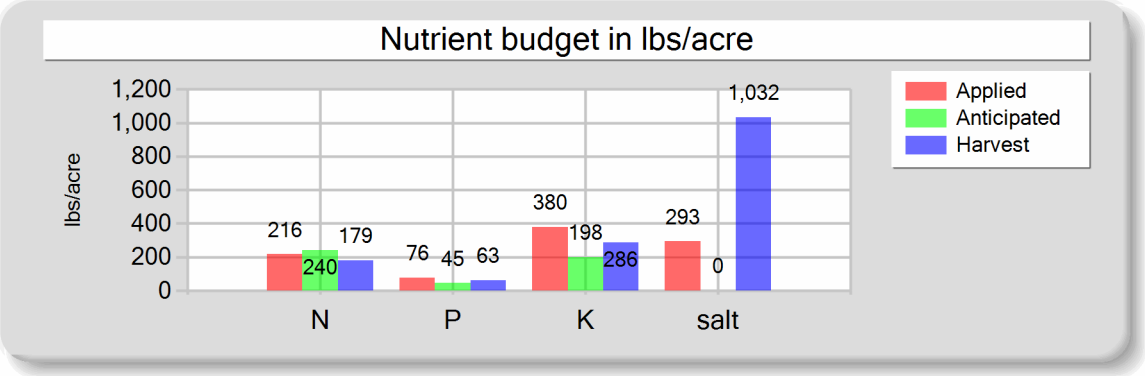

	Total N (lbs/acre)	Total P (lbs/acre)	Total K (lbs/acre)	Total salt (lbs/acre)
Existing soil nutrient content	0.00	0.00	0.00	0.00
Plowdown credit	0.00	0.00	0.00	0.00
Commercial fertilizer / Other	0.00	0.00	0.00	0.00
Dry manure	209.35	75.60	379.94	0.00
Process wastewater	0.00	0.00	0.00	0.00
Fresh water	0.00	0.00	0.00	292.84
Atmospheric deposition	7.00	0.00	0.00	0.00
Total nutrients applied	216.35	75.60	379.94	292.84
Anticipated crop nutrient removal	240.00	45.00	198.00	0.00
Actual crop nutrient removal	179.34	62.60	285.93	1,032.04
Nutrient balance	37.02	13.00	94.01	-739.20
Applied to removed ratio	1.21	1.21	1.33	0.28

Fresh water applied	
14,715,975.00	*gallons*
541.94	*acre-inches*
41.69	*inches/acre*

Process wastewater applied	
0.00	*gallons*
0.00	*acre-inches*
0.00	*inches/acre*

Total harvests for the crop	
1	*harvests*

Trees - 11/26/2022: Oats, silage-soft dough

Field name: Trees | Crop: Oats, silage-soft dough | Plant date: 11/26/2022

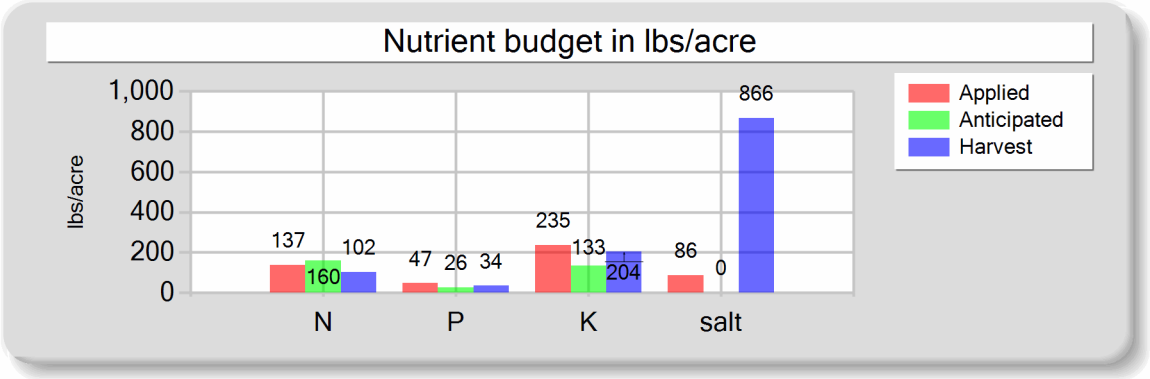

	Total N (lbs/acre)	Total P (lbs/acre)	Total K (lbs/acre)	Total salt (lbs/acre)
Existing soil nutrient content	0.00	0.00	0.00	0.00
Plowdown credit	0.00	0.00	0.00	0.00
Commercial fertilizer / Other	0.00	0.00	0.00	0.00
Dry manure	129.60	46.80	235.20	0.00
Process wastewater	0.00	0.00	0.00	0.00
Fresh water	0.00	0.00	0.00	85.56
Atmospheric deposition	7.00	0.00	0.00	0.00
Total nutrients applied	136.60	46.80	235.20	85.56
Anticipated crop nutrient removal	160.00	25.60	132.80	0.00
Actual crop nutrient removal	102.40	33.87	204.01	866.44
Nutrient balance	34.20	12.93	31.19	-780.88
Applied to removed ratio	1.33	1.38	1.15	0.10

Fresh water applied	
9,260,625.00	*gallons*
341.04	*acre-inches*
12.18	*inches/acre*

Process wastewater applied	
0.00	*gallons*
0.00	*acre-inches*
0.00	*inches/acre*

Total harvests for the crop	
1	*harvests*

Trees - 06/10/2023: Corn, silage

Field name: Trees | Crop: Corn, silage | Plant date: 06/10/2023

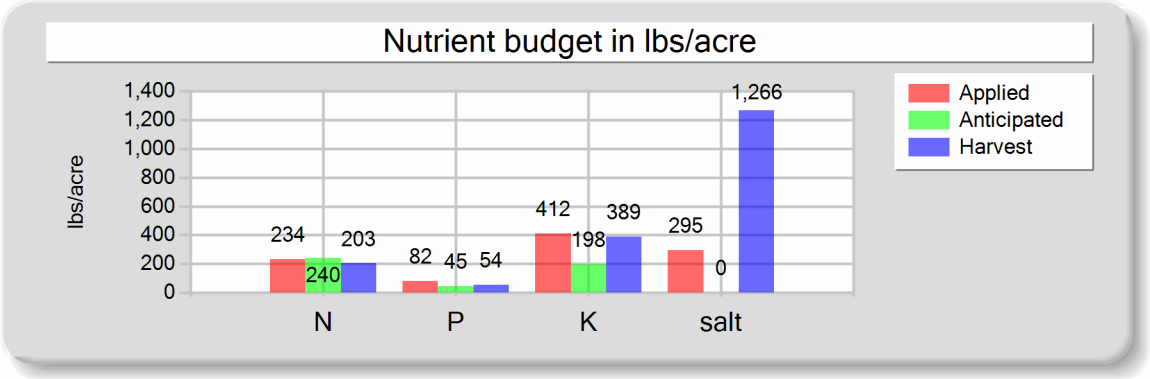

	Total N (lbs/acre)	Total P (lbs/acre)	Total K (lbs/acre)	Total salt (lbs/acre)
Existing soil nutrient content	0.00	0.00	0.00	0.00
Plowdown credit	0.00	0.00	0.00	0.00
Commercial fertilizer / Other	0.00	0.00	0.00	0.00
Dry manure	226.80	81.90	411.60	0.00
Process wastewater	0.00	0.00	0.00	0.00
Fresh water	0.00	0.00	0.00	294.64
Atmospheric deposition	7.00	0.00	0.00	0.00
Total nutrients applied	233.80	81.90	411.60	294.64
Anticipated crop nutrient removal	240.00	45.00	198.00	0.00
Actual crop nutrient removal	203.48	54.48	389.34	1,265.76
Nutrient balance	30.32	27.42	22.26	-971.12
Applied to removed ratio	1.15	1.50	1.06	0.23

Fresh water applied	
31,890,225.00	*gallons*
1,174.41	*acre-inches*
41.94	*inches/acre*

Process wastewater applied	
0.00	*gallons*
0.00	*acre-inches*
0.00	*inches/acre*

Total harvests for the crop	
1	*harvests*

NUTRIENT ANALYSES

A. MANURE ANALYSES

Manure #2

Sample and source description: Manure #2

Sample date: 05/15/2023 Material type: Corral solids Source of analysis: Lab analysis Method of reporting: Dry-weight

Moisture: 58.0 %

	Total N (mg/kg)	Total P (mg/kg)	Total K (mg/kg)	Calcium (mg/kg)	Magnesium (mg/kg)	Sodium (mg/kg)	Sulfur (mg/kg)	Chloride (mg/kg)	Total salt (mg/kg)	TFS (%)
Value	21,600.00	7,800.00	39,200.00							
DL	100.00	100.00	100.00							

Solid Manure #1

Sample and source description: Solid Manure #1

Sample date: 05/15/2023 Material type: Corral solids Source of analysis: Lab analysis Method of reporting: Dry-weight

Moisture: 15.3 %

	Total N (mg/kg)	Total P (mg/kg)	Total K (mg/kg)	Calcium (mg/kg)	Magnesium (mg/kg)	Sodium (mg/kg)	Sulfur (mg/kg)	Chloride (mg/kg)	Total salt (mg/kg)	TFS (%)
Value	11,500.00	4,200.00	16,400.00							
DL	100.00	100.00	100.00							

Solid Manure

Sample and source description: Solid Manure

Sample date: 10/11/2023 Material type: Corral solids Source of analysis: Lab analysis Method of reporting: Dry-weight

Moisture: 5.4 %

	Total N (mg/kg)	Total P (mg/kg)	Total K (mg/kg)	Calcium (mg/kg)	Magnesium (mg/kg)	Sodium (mg/kg)	Sulfur (mg/kg)	Chloride (mg/kg)	Total salt (mg/kg)	TFS (%)
Value	20,300.00	5,200.00	25,200.00							
DL	100.00	100.00	100.00							

B. PROCESS WASTEWATER ANALYSES

Lagoon Water

Sample and source description: Lagoon Water

Sample date: 02/15/2023 Material type: Process wastewater Source of analysis: Lab analysis pH: 7.10

	Kjeldahl-N (mg/L)	NH4-N (mg/L)	NH3-N (mg/L)	Nitrate-N (mg/L)	Total P (mg/L)	Total K (mg/L)	Calcium (mg/L)	Magnes. (mg/L)	Sodium (mg/L)	Bicarb. (mg/L)	Carb. (mg/L)	Sulfate (mg/L)	Chloride (mg/L)	EC (µmhos/cm)	TDS (mg/L)
Value	111.00	59.00	0.00	0.50	23.80	195.00								1,980.00	1,000
DL	1.00	0.50	0.50	0.10	0.10	0.50								10.00	10

Waste water

Sample and source description: Waste water

Sample date: 06/17/2023 Material type: Process wastewater Source of analysis: Lab analysis pH: 7.60

	Kjeldahl-N (mg/L)	NH4-N (mg/L)	NH3-N (mg/L)	Nitrate-N (mg/L)	Total P (mg/L)	Total K (mg/L)	Calcium (mg/L)	Magnes. (mg/L)	Sodium (mg/L)	Bicarb. (mg/L)	Carb. (mg/L)	Sulfate (mg/L)	Chloride (mg/L)	EC (µmhos/cm)	TDS (mg/L)
Value	250.00	97.80	0.00	0.50	63.20	389.00								3,590.00	1,640
DL	1.00	0.50	0.50	0.10	0.10	0.50								10.00	10

Lagoon Water

Sample and source description: Lagoon Water

Sample date: 09/18/2023 Material type: Process wastewater Source of analysis: Lab analysis pH: 8.00

	Kjeldahl-N (mg/L)	NH4-N (mg/L)	NH3-N (mg/L)	Nitrate-N (mg/L)	Total P (mg/L)	Total K (mg/L)	Calcium (mg/L)	Magnes. (mg/L)	Sodium (mg/L)	Bicarb. (mg/L)	Carb. (mg/L)	Sulfate (mg/L)	Chloride (mg/L)	EC (µmhos/cm)	TDS (mg/L)
Value	73.10	57.80	0.00	0.60	32.20	181.00								1,920.00	1,300
DL	1.00	0.50	0.10	0.10	0.10	0.50								10.00	10

Lagoon Water

Sample and source description: Lagoon Water

Sample date: 11/29/2023 Material type: Process wastewater Source of analysis: Lab analysis pH: 7.00

	Kjeldahl-N (mg/L)	NH4-N (mg/L)	NH3-N (mg/L)	Nitrate-N (mg/L)	Total P (mg/L)	Total K (mg/L)	Calcium (mg/L)	Magnes. (mg/L)	Sodium (mg/L)	Bicarb. (mg/L)	Carb. (mg/L)	Sulfate (mg/L)	Chloride (mg/L)	EC (µmhos/cm)	TDS (mg/L)
Value	108.00	60.10	0.00	0.00	36.60	211.00								1,890.00	1,220
DL	1.00	0.50	0.10	0.10	0.10	0.50								10.00	10

C. FRESH WATER ANALYSES

Domestic Well - 10465 Merced Well

10465 Merced Well

Sample description: 10465 Merced Well

Sample date: 11/27/2023 Source of analysis: Lab analysis

	Total N (mg/L)	NH4-N (mg/L)	Nitrate-N (mg/L)	Calcium (mg/L)	Magnesium (mg/L)	Sodium (mg/L)	Bicarbonate (mg/L)	Carbonate (mg/L)	Sulfate (mg/L)	Chloride (mg/L)	EC (µmhos/cm)	TDS (mg/L)
Value			24.30								847.00	
DL			0.10								10.00	

Domestic Well - 17420 Swanson Well

17420 Swanson Well

Sample description: 17420 Swanson Well

Sample date: 11/27/2023 Source of analysis: Lab analysis

	Total N (mg/L)	NH4-N (mg/L)	Nitrate-N (mg/L)	Calcium (mg/L)	Magnesium (mg/L)	Sodium (mg/L)	Bicarbonate (mg/L)	Carbonate (mg/L)	Sulfate (mg/L)	Chloride (mg/L)	EC (µmhos/cm)	TDS (mg/L)
Value			4.00								336.00	
DL			0.10								10.00	

Domestic Well - 3HP Delhi

3HP Delhi

Sample description: 3HP Delhi

Sample date: 01/27/2023 Source of analysis: Lab analysis

	Total N (mg/L)	NH4-N (mg/L)	Nitrate-N (mg/L)	Calcium (mg/L)	Magnesium (mg/L)	Sodium (mg/L)	Bicarbonate (mg/L)	Carbonate (mg/L)	Sulfate (mg/L)	Chloride (mg/L)	EC (µmhos/cm)	TDS (mg/L)
Value			7.40								444.00	
DL			0.10								10.00	

Domestic Well - 5HP Delhi

5HP Delhi

Sample description: 5HP Delhi

Sample date: 11/27/2023 Source of analysis: Lab analysis

	Total N (mg/L)	NH4-N (mg/L)	Nitrate-N (mg/L)	Calcium (mg/L)	Magnesium (mg/L)	Sodium (mg/L)	Bicarbonate (mg/L)	Carbonate (mg/L)	Sulfate (mg/L)	Chloride (mg/L)	EC (µmhos/cm)	TDS (mg/L)
Value			13.30								574.00	
DL			0.10								10.00	

Irrigation Water - Canal

Canal

Sample description: Canal

Sample date: 07/24/2023 Source of analysis: Lab analysis

	Total N (mg/L)	NH4-N (mg/L)	Nitrate-N (mg/L)	Calcium (mg/L)	Magnesium (mg/L)	Sodium (mg/L)	Bicarbonate (mg/L)	Carbonate (mg/L)	Sulfate (mg/L)	Chloride (mg/L)	EC (µmhos/cm)	TDS (mg/L)
Value	0.00	0.00	0.00								33.20	31
DL	0.01	0.01	0.01								10.00	10

D. SOIL ANALYSES

Back Field

Back

Sample and source description: Back

Sample date: 11/29/2023 Source of analysis: Lab analysis

	Nitrate-N (mg/kg)	Total P (mg/kg)	Soluble P (mg/kg)	K (mg/kg)	EC (µmhos/cm)	Organic matter (%)	Total salt (mg/kg)
Value			259.00				
DL			2.00				

Lagoon

Lagoon

Sample and source description: Lagoon

Sample date: 11/29/2023 Source of analysis: Lab analysis

	Nitrate-N (mg/kg)	Total P (mg/kg)	Soluble P (mg/kg)	K (mg/kg)	EC (µmhos/cm)	Organic matter (%)	Total salt (mg/kg)
Value			85.00				
DL			2.00				

Road

Road

Sample and source description: Road

Sample date: 11/29/2023 Source of analysis: Lab analysis

	Nitrate-N (mg/kg)	Total P (mg/kg)	Soluble P (mg/kg)	K (mg/kg)	EC (µmhos/cm)	Organic matter (%)	Total salt (mg/kg)
Value			265.00				
DL			2.00				

Trees

Trees

Sample and source description: Trees

Sample date: 11/29/2023 Source of analysis: Lab analysis

	Nitrate-N (mg/kg)	Total P (mg/kg)	Soluble P (mg/kg)	K (mg/kg)	EC (µmhos/cm)	Organic matter (%)	Total salt (mg/kg)
Value			92.00				
DL			2.00				

E. PLANT TISSUE ANALYSES

Back Field - 11/26/2022: Oats, silage-soft dough

Back Field - 11/26/2022: Oats, silage-soft dough

Road & Back

Sample and source description: Road & Back

Sample date: 05/15/2023 Source of analysis: Lab analysis Method of reporting: Dry-weight

Moisture: 66.8 %

	Total N (mg/kg)	Total P (mg/kg)	Total K (mg/kg)	Total salt (mg/kg)	TFS (%)
Value	12,800.00	4,000.00	24,000.00		10.50
DL	100.00	100.00	100.00		0.01

Back Field - 06/10/2023: Corn, silage

Road & Back

Sample and source description: Road & Back

Sample date: 10/02/2023 Source of analysis: Lab analysis Method of reporting: Dry-weight

Moisture: 70.7 %

	Total N (mg/kg)	Total P (mg/kg)	Total K (mg/kg)	Total salt (mg/kg)	TFS (%)
Value	10,600.00	3,700.00	16,900.00		6.10
DL	100.00	100.00	100.00		0.01

Lagoon - 11/26/2022: Oats, silage-soft dough

Lagoon

Sample and source description: Lagoon

Sample date: 05/15/2023 Source of analysis: Lab analysis Method of reporting: Dry-weight

Moisture: 67.0 %

	Total N (mg/kg)	Total P (mg/kg)	Total K (mg/kg)	Total salt (mg/kg)	TFS (%)
Value	19,100.00	4,000.00	28,100.00		12.60
DL	100.00	100.00	100.00		0.01

Lagoon - 06/10/2023: Corn, silage

Lagoon

Sample and source description: Lagoon

Sample date: 10/02/2023 Source of analysis: Lab analysis Method of reporting: Dry-weight

Moisture: 69.3 %

	Total N (mg/kg)	Total P (mg/kg)	Total K (mg/kg)	Total salt (mg/kg)	TFS (%)
Value	13,200.00	3,100.00	15,500.00		5.60
DL	100.00	100.00	100.00		0.01

Road - 11/26/2022: Oats, silage-soft dough

Road & Back

Sample and source description: Road & Back

Sample date: 05/15/2023 Source of analysis: Lab analysis Method of reporting: Dry-weight

Moisture: 66.8 %

	Total N (mg/kg)	Total P (mg/kg)	Total K (mg/kg)	Total salt (mg/kg)	TFS (%)
Value	12,800.00	4,000.00	24,000.00		10.50
DL	100.00	100.00	100.00		0.01

Road - 06/10/2023: Corn, silage

Road & Back

Sample and source description: Road & Back

Sample date: 10/02/2023 Source of analysis: Lab analysis Method of reporting: Dry-weight

Moisture: 70.7 %

	Total N (mg/kg)	Total P (mg/kg)	Total K (mg/kg)	Total salt (mg/kg)	TFS (%)
Value	10,600.00	3,700.00	16,900.00		6.10
DL	100.00	100.00	100.00		0.01

Trees - 11/26/2022: Oats, silage-soft dough

Trees

Sample and source description: Trees

Sample date: 05/15/2023 Source of analysis: Lab analysis Method of reporting: Dry-weight

Moisture: 70.4 %

	Total N (mg/kg)	Total P (mg/kg)	Total K (mg/kg)	Total salt (mg/kg)	TFS (%)
Value	13,000.00	4,300.00	25,900.00		11.00
DL	100.00	100.00	100.00		0.01

Trees - 06/10/2023: Corn, silage

Trees

Sample and source description: Trees

Sample date: 10/02/2023 Source of analysis: Lab analysis Method of reporting: Dry-weight

Moisture: 71.6 %

	Total N (mg/kg)	Total P (mg/kg)	Total K (mg/kg)	Total salt (mg/kg)	TFS (%)
Value	12,700.00	3,400.00	24,300.00		7.90
DL	100.00	100.00	100.00		0.01

F. SUBSURFACE (TILE) DRAINAGE ANALYSES

No subsurface (tile) drainage analyses entered.

NUTRIENT APPLICATIONS, POTENTIAL REMOVAL, AND BALANCE

A. SUMMARY OF NUTRIENT APPLICATIONS, POTENTIAL REMOVAL, AND BALANCE

	Total N (lbs)	Total P (lbs)	Total K (lbs)	Total salt (lbs)
Existing soil nutrient content	0.00	0.00	0.00	0.00
Plowdown credit	0.00	0.00	0.00	0.00
Commercial fertilizer / Other	0.00	0.00	0.00	0.00
Dry manure	26,671.68	9,631.44	48,404.16	0.00
Process wastewater	5,111.08	1,289.50	7,936.97	33,461.78
Fresh water	0.00	0.00	0.00	29,218.55
Atmospheric deposition	1,092.00	0.00	0.00	0.00
Total nutrients applied	32,874.76	10,920.94	56,341.13	62,680.33
Anticipated crop nutrient removal	31,200.00	5,506.80	25,802.40	0.00
Actual crop nutrient removal	26,452.85	7,171.55	42,353.75	162,386.01
Nutrient balance	6,421.91	3,749.40	13,987.38	-99,705.68
Applied to removed ratio	1.24	1.52	1.33	0.39

B. POUNDS OF NUTRIENT APPLIED VS. CROP REMOVAL

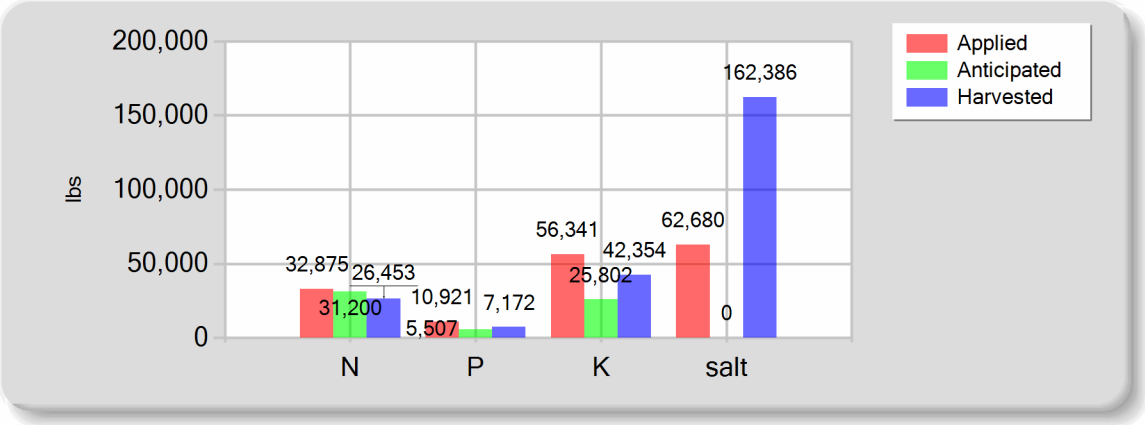

C. POUNDS OF NUTRIENT APPLIED BY MATERIAL TYPE

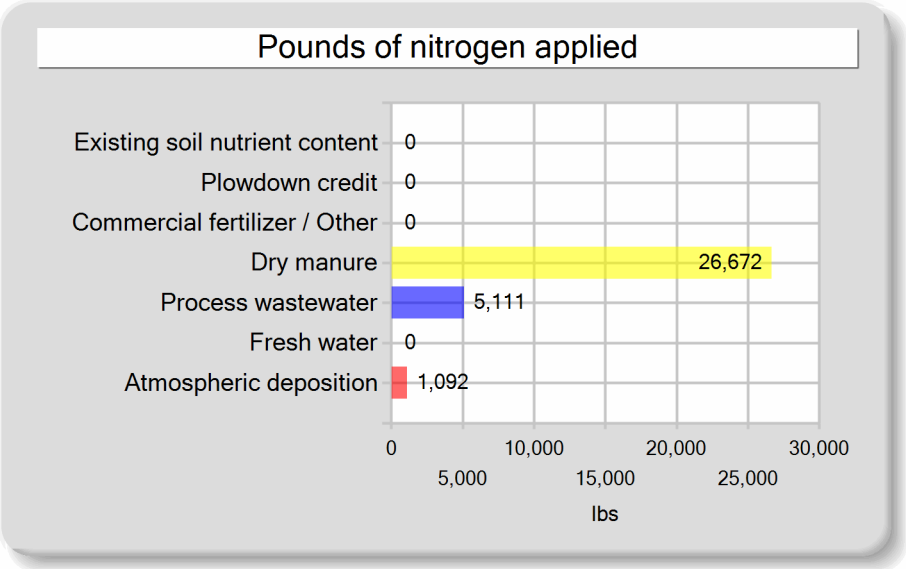

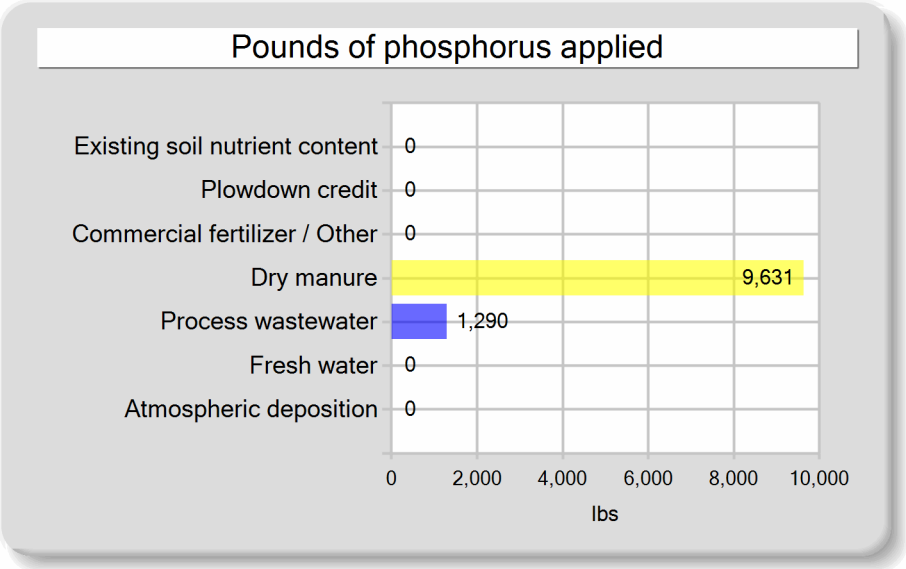

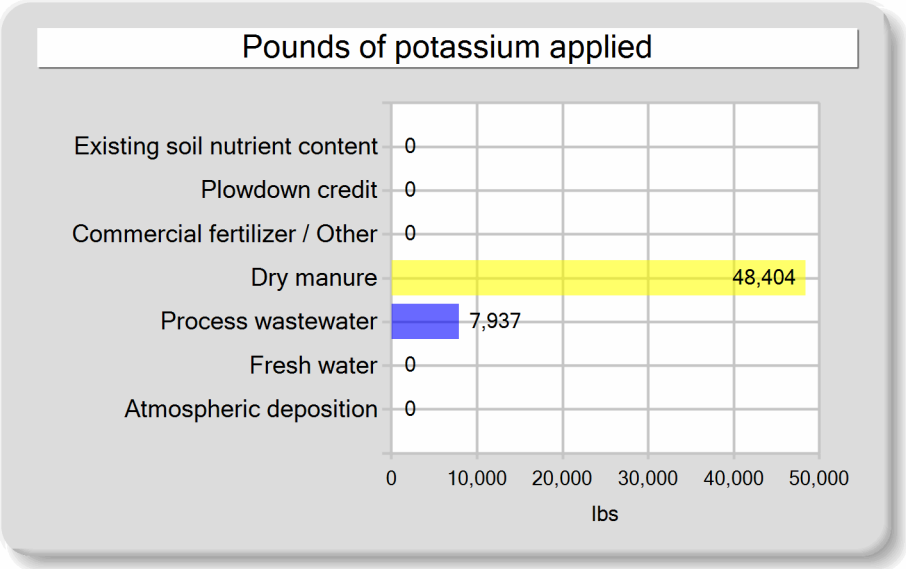

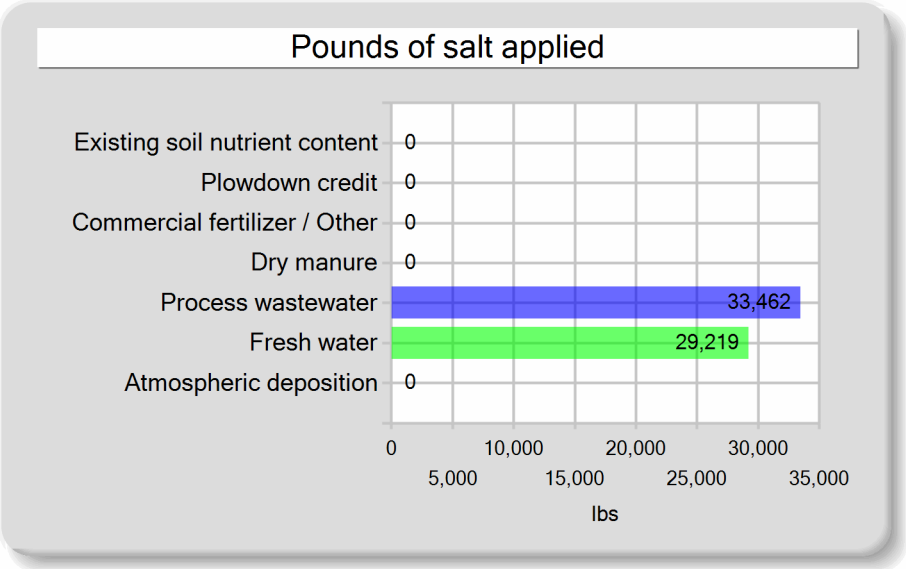

EXCEPTION REPORTING

A. MANURE, PROCESS WASTEWATER, AND OTHER DAIRY WASTE DISCHARGES

The following is a summary of all manure and process wastewater discharges from the production area to surface water or to land areas (land application areas or otherwise) when not in accordance with the facility's Nutrient Management Plan.

No manure or process wastewater discharges occurred during the reporting period.

B. STORM WATER DISCHARGES

The following is a summary of all storm water discharges from the production area to surface water during the reporting period when not in accordance with the facility 's Nutrient Management Plan.

No stormwater discharges occurred during the reporting period.

C. LAND APPLICATION AREA TO SURFACE WATER DISCHARGES

The following is a summary of all discharges from the land application area to surface water that have occurred during the reporting period when not in accordance with the facility's Nutrient Management Plan.

No land application area to surface water discharges occurred during the reporting period.

NUTRIENT MANAGEMENT PLAN AND EXPORT AGREEMENT STATEMENTS

A. NUTRIENT MANAGEMENT PLAN STATEMENTS

Was the facility's NMP updated in the reporting period?	Yes
Was the facility's NMP developed by a certified nutrient management planner (specialist) as specified in Attachment C of the General Order?	Yes
Was the facility's NMP approved by a certified nutrient management planner (specialist) as specified in Attachment C of the General Order?	Yes

B. EXPORT AGREEMENT STATEMENT

Are there any written agreements with third parties to receive manure or process wastewater that are new or were revised within the reporting period?	No

ADDITIONAL NOTES

A. NOTES

No notes entered for this annual report.

CERTIFICATION

A. OWNER AND/OR OPERATOR CERTIFICATION

I certify under penalty of law that I have personally examined and am familiar with the information submitted in this document and all attachments and that, based on my inquiry of those individuals immediately responsible for obtaining the information, I believe that the information is true, accurate, and complete. I am aware that there are significant penalties for submitting false information, including the possibility of fine and imprisonment.

Joe Gomes

SIGNATURE OF OWNER OF FACILITY	SIGNATURE OF OPERATOR OF FACILITY
Joe Gomes	SAME AS OWNER
PRINT OR TYPE NAME	PRINT OR TYPE NAME
6-24-24	
DATE	DATE

ATTACHMENT D

Manure Tracking Manifest
For
Existing Milk Cow Dairies

Instructions:

1) Complete one manifest for each hauling event, for each destination. A hauling event may last for several days, as long as the manure is being hauled to the same destination.
2) If there are multiple destinations, **complete a separate form for each destination**.
3) The operator must obtain the signature of the hauler upon completion of each manure-hauling event.
4) The operator shall submit copies of manure/process wastewater tracking manifest(s) with the Annual Monitoring Report for Existing Milk Cow Dairies.

Operator Information:

Name of Operator:	**Joe Gomes**
Name of Dairy Facility:	**Joe Gomes Dairy #1**
Facility Address:	**17625 Swanson Road, Delhi, CA 95315**
Contact Person Name and Phone Number:	**Joe Gomes (209) 652-7808**

Manure Hauler Information:

Name of Hauling Company/Person:	**Hinds Manure Spreading**
Address of Hauling Company /Person:	**19075 3rd Ave, Stevinson, CA 95374**
Contact Person and Phone Number:	**Gib Hinds (209) 634-8934**

Destination Information:

Composting Facility / Broker / Farmer / Other (identify) **Compost Facility** (please circle one)

Contact information of Composting Facility, Broker, Farmer, or Other (as identified above):

Name	Number and Street	City	Zip Code	Phone Number
Hinds Compost	**19075 3rd Ave**	**Stevinson**	**95374**	**(209) 634-8934**

Manure/Process Wastewater Destination Address or Assessor's Parcel Number:

Number and Street	City	Zip Code	Assessor's Parcel Number
19075 3rd Ave	**Stevinson**	**95374**	

Dates Hauled: **10/5/2023**

Amount Hauled:

Enter the amount of manure hauled in tons or cubic yards (indicate the units used), the manure solids content (if amount reported in tons) or manure density (if amount reported in cubic yards), and the method used to calculate the amount:

Manure: **800** Tons

Manure Solids Content (if amount reported in tons): **94.6%**

Method used to determine amount of manure: **Number of Truckloads x Average Truck Weight**

Enter the amount of process wastewater hauled in gallons and the method used to determine the amount.

Process Wastewater: **N/A** Gallons

Method used to determine volume of process wastewater: **N/A**

Written Agreement:

****NOT NECESSARY FOR SOLID MANURE MANIFEST****

Certification:
I declare under the penalty of law that I personally examined and am familiar with the information submitted in this document, and that based on my inquiry of those individuals immediately responsible for obtaining the information, I believe that the information is true, accurate, and complete. I am aware that there are significant penalties for submitting false information, including the possibility of a fine and imprisonment for knowing violations.

Operator's Signature: Joe Gomes Date: 10/5/2023

Hauler's Signature: Carl Hinds Date: 10/5/2023

DELLAVALLE™
LABORATORY INC

R & J Avila Inc
8119 Ellington Ave
Hilmar, CA 95324

Account# 00-0019840
Account Manager: Ben Nydam
Submitted By: Rui & John Avila
Ranch: Joe Gomes

Received: 11/28/2023 13:50
Reported: 11/30/2023 09:16

Samples in this Report

Lab ID	Sample	Matrix	Sampled By	Crop	Date Sampled
23K1216-01	10465 Merced Well	Ag Water	T. Madruga		11/27/2023 17:15
23K1216-02	17420 Swanson Well	Ag Water	T. Madruga		11/27/2023 17:20
23K1216-03	3HP Delhi	Ag Water	T. Madruga		11/27/2023 17:25
23K1216-04	5HP Delhi	Ag Water	T. Madruga		11/27/2023 17:20

Default Cooler Temperature on Receipt °C: -0.2
Containers Intact
COC/Labels Agree
Received On Ice

Notes and Definitions

Item	Definition
H	Hold Time Exceeded
MCL	Drinking Water Maximum Contaminant Level
ND	Analyte NOT DETECTED at or above the reporting limit.
NES	Not Enough Sample
*	Not Taken
RPD	Relative Percent Difference
%REC	Percent Recovery
Source	Sample that was matrix spiked or duplicated.

Scott McFriedland

Laboratory Director/Technical Manager

ELAP Certification #1595
A2LA Certification #6440.02

The results in this report apply to the samples as received and were analyzed in accordance with the chain of custody document. This analytical report must be reproduced in its entirety. All results listed in this report are for the exclusive use of the submitting party. Dellavalle Laboratory, Inc. assumes no responsibility for report alteration, separation, detachment or third party interpretation.

DELLAVALLE™
LABORATORY INC

R & J Avila Inc
8119 Ellington Ave
Hilmar, CA 95324

Account# 00-0019840
Account Manager: Ben Nydam
Submitted By: Rui & John Avila
Ranch: Joe Gomes

Received: 11/28/2023 13:50
Reported: 11/30/2023 09:16

Sample Results

Sample: 10465 Merced Well
23K1216-01 (Water)

Sampled: 11/27/2023 17:15
Sampled By: T. Madruga

Analyte	Result	Units	Reporting Limit	DIL	DW MCL	Date/Time Analyzed	Method	Notes	Batch
Electrical Conductivity	**0.85**	mmhos/cm	0.01	1		11/29/23 13:56	SM 2510 B		BEK0810
Electrical Conductivity umhos	**847**	umhos/cm	10.0	1		11/29/23 13:56	SM 2510 B		BEK0810
Ammonia (as N)	ND	mg/L	0.00	1		11/27/23 17:15	Field		BEK0800
Nitrate Nitrogen as NO3N	**24.3**	mg/L	0.1	1	10	11/28/23 20:11	EPA 300.0		BEK0809
Temperature	**25.0**	units	0.0	1		11/29/23 13:56	SM 4500-H+	H	BEK0810
pH	**7.2**	units	1.0	1		11/29/23 13:56	SM 4500-H+	H	BEK0810

The results in this report apply to the samples as received and were analyzed in accordance with the chain of custody document. This analytical report must be reproduced in its entirety. All results listed in this report are for the exclusive use of the submitting party. Dellavalle Laboratory, Inc. assumes no responsibility for report alteration, separation, detachment or third party interpretation.

DELLAVALLE™
LABORATORY INC

R & J Avila Inc
8119 Ellington Ave
Hilmar, CA 95324

Account# 00-0019840
Account Manager: Ben Nydam
Submitted By: Rui & John Avila
Ranch: Joe Gomes

Received: 11/28/2023 13:50
Reported: 11/30/2023 09:16

Sample Results
(Continued)

Sample: 17420 Swanson Well
23K1216-02 (Water)

Sampled: 11/27/2023 17:20
Sampled By: T. Madruga

Analyte	Result	Units	Reporting Limit	DIL	DW MCL	Date/Time Analyzed	Method	Notes	Batch
Electrical Conductivity	**0.34**	mmhos/cm	0.01	1		11/29/23 14:03	SM 2510 B		BEK0810
Electrical Conductivity umhos	**336**	umhos/cm	10.0	1		11/29/23 14:03	SM 2510 B		BEK0810
Ammonia (as N)	ND	mg/L	0.00	1		11/27/23 17:20	Field		BEK0800
Nitrate Nitrogen as NO3N	**4.0**	mg/L	0.1	1	10	11/28/23 20:31	EPA 300.0		BEK0809
Temperature	**25.0**	units	0.0	1		11/29/23 14:03	SM 4500-H+	H	BEK0810
pH	**7.4**	units	1.0	1		11/29/23 14:03	SM 4500-H+	H	BEK0810

The results in this report apply to the samples as received and were analyzed in accordance with the chain of custody document. This analytical report must be reproduced in its entirety. All results listed in this report are for the exclusive use of the submitting party. Dellavalle Laboratory, Inc. assumes no responsibility for report alteration, separation, detachment or third party interpretation.

DELLAVALLE™
LABORATORY INC

R & J Avila Inc
8119 Ellington Ave
Hilmar, CA 95324

Account# 00-0019840
Account Manager: Ben Nydam
Submitted By: Rui & John Avila
Ranch: Joe Gomes

Received: 11/28/2023 13:50
Reported: 11/30/2023 09:16

Sample Results
(Continued)

Sample: 3HP Delhi
23K1216-03 (Water)

Sampled: 11/27/2023 17:25
Sampled By: T. Madruga

Analyte	Result	Units	Reporting Limit	DIL	DW MCL	Date/Time Analyzed	Method	Notes	Batch
Electrical Conductivity	**0.44**	mmhos/cm	0.01	1		11/29/23 14:05	SM 2510 B		BEK0810
Electrical Conductivity umhos	**444**	umhos/cm	10.0	1		11/29/23 14:05	SM 2510 B		BEK0810
Ammonia (as N)	ND	mg/L	0.00	1		11/27/23 17:25	Field		BEK0800
Nitrate Nitrogen as NO3N	**7.4**	mg/L	0.1	1	10	11/28/23 20:52	EPA 300.0		BEK0809
Temperature	**25.0**	units	0.0	1		11/29/23 14:05	SM 4500-H+	H	BEK0810
pH	**7.8**	units	1.0	1		11/29/23 14:05	SM 4500-H+	H	BEK0810

The results in this report apply to the samples as received and were analyzed in accordance with the chain of custody document. This analytical report must be reproduced in its entirety. All results listed in this report are for the exclusive use of the submitting party. Dellavalle Laboratory, Inc. assumes no responsibility for report alteration, separation, detachment or third party interpretation.

DELLAVALLE™
LABORATORY INC

R & J Avila Inc
8119 Ellington Ave
Hilmar, CA 95324

Account# 00-0019840
Account Manager: Ben Nydam
Submitted By: Rui & John Avila
Ranch: Joe Gomes

Received: 11/28/2023 13:50
Reported: 11/30/2023 09:16

Sample Results
(Continued)

Sample: 5HP Delhi
23K1216-04 (Water)

Sampled: 11/27/2023 17:20
Sampled By: T. Madruga

Analyte	Result	Units	Reporting Limit	DIL	DW MCL	Date/Time Analyzed	Method	Notes	Batch
Electrical Conductivity	**0.57**	mmhos/cm	0.01	1		11/29/23 14:07	SM 2510 B		BEK0810
Electrical Conductivity umhos	**574**	umhos/cm	10.0	1		11/29/23 14:07	SM 2510 B		BEK0810
Ammonia (as N)	ND	mg/L	0.00	1		11/27/23 17:20	Field		BEK0800
Nitrate Nitrogen as NO3N	**13.3**	mg/L	0.1	1	10	11/28/23 21:12	EPA 300.0		BEK0809
Temperature	**25.0**	units	0.0	1		11/29/23 14:07	SM 4500-H+	H	BEK0810
pH	**7.8**	units	1.0	1		11/29/23 14:07	SM 4500-H+	H	BEK0810

The results in this report apply to the samples as received and were analyzed in accordance with the chain of custody document. This analytical report must be reproduced in its entirety. All results listed in this report are for the exclusive use of the submitting party. Dellavalle Laboratory, Inc. assumes no responsibility for report alteration, separation, detachment or third party interpretation.

DELLAVALLE™ LABORATORY INC

R & J Avila Inc
8119 Ellington Ave
Hilmar, CA 95324

Account# 00-0019840
Account Manager: Ben Nydam
Submitted By: Rui & John Avila
Ranch: Joe Gomes

Received: 11/28/2023 13:50
Reported: 11/30/2023 09:16

Quality Control

Analyte	Result	Qual	Reporting Limit	Units	Spike Level	Source Result	%REC	%REC Limits	RPD	RPD Limit
Batch: BEK0809										
Blank (BEK0809-BLK1)					Prepared & Analyzed: 11/28/2023					
Nitrate Nitrogen as NO3N	ND		0.1	mg/L						
Blank (BEK0809-BLK2)					Prepared & Analyzed: 11/28/2023					
Nitrate Nitrogen as NO3N	ND		0.1	mg/L						
Blank (BEK0809-BLK3)					Prepared: 11/28/2023 Analyzed: 11/29/2023					
Nitrate Nitrogen as NO3N	ND		0.1	mg/L						
LCS (BEK0809-BS1)					Prepared & Analyzed: 11/28/2023					
Nitrate Nitrogen as NO3N	5.2		0.1	mg/L	5.000		103	90-110		
LCS (BEK0809-BS2)					Prepared: 11/28/2023 Analyzed: 11/29/2023					
Nitrate Nitrogen as NO3N	5.5		0.1	mg/L	5.000		110	90-110		
Duplicate (BEK0809-DUP1)		**Source: 23K1216-02**			Prepared: 11/28/2023 Analyzed: 11/29/2023					
Nitrate Nitrogen as NO3N	4.1		0.1	mg/L		4.0			1.74	10
Duplicate (BEK0809-DUP2)		**Source: 23K1221-02**			Prepared: 11/28/2023 Analyzed: 11/29/2023					
Nitrate Nitrogen as NO3N	4.9		0.1	mg/L		4.9			0.123	10
Matrix Spike (BEK0809-MS1)		**Source: 23K1216-02**			Prepared & Analyzed: 11/28/2023					
Nitrate Nitrogen as NO3N	9.2		0.1	mg/L	5.000	4.0	104	90-110		
Matrix Spike (BEK0809-MS2)		**Source: 23K1221-02**			Prepared: 11/28/2023 Analyzed: 11/29/2023					
Nitrate Nitrogen as NO3N	10.2		0.1	mg/L	5.000	4.9	107	90-110		
Reference (BEK0809-SRM1)					Prepared & Analyzed: 11/28/2023					
Nitrate Nitrogen as NO3N	10.3			mg/L	10.00		103	90-110		
Reference (BEK0809-SRM2)					Prepared: 11/28/2023 Analyzed: 11/29/2023					
Nitrate Nitrogen as NO3N	10.3			mg/L	10.00		103	90-110		
Reference (BEK0809-SRM3)					Prepared: 11/28/2023 Analyzed: 11/29/2023					
Nitrate Nitrogen as NO3N	10.3			mg/L	10.00		103	90-110		

The results in this report apply to the samples as received and were analyzed in accordance with the chain of custody document. This analytical report must be reproduced in its entirety. All results listed in this report are for the exclusive use of the submitting party. Dellavalle Laboratory, Inc. assumes no responsibility for report alteration, separation, detachment or third party interpretation.

DELLAVALLE™ LABORATORY INC

R & J Avila Inc
8119 Ellington Ave
Hilmar, CA 95324

Account# 00-0019840
Account Manager: Ben Nydam
Submitted By: Rui & John Avila
Ranch: Joe Gomes

Received: 11/28/2023 13:50
Reported: 11/30/2023 09:16

Quality Control
(Continued)

Analyte	Result	Qual	Reporting Limit	Units	Spike Level	Source Result	%REC	%REC Limits	RPD	RPD Limit
Batch: BEK0810										
Blank (BEK0810-BLK1)					Prepared: 11/28/2023	Analyzed: 11/29/2023				
Temperature	25.0		0.0	units						
Electrical Conductivity	ND		0.01	mmhos/cm						
pH	6.2		1.0	units						
Electrical Conductivity umhos	ND		10.0	umhos/cm						
Blank (BEK0810-BLK2)					Prepared: 11/28/2023	Analyzed: 11/29/2023				
Electrical Conductivity	ND		0.01	mmhos/cm						
Temperature	25.0		0.0	units						
Electrical Conductivity umhos	ND		10.0	umhos/cm						
pH	7.8		1.0	units						
Blank (BEK0810-BLK3)					Prepared: 11/28/2023	Analyzed: 11/29/2023				
Electrical Conductivity	ND		0.01	mmhos/cm						
Temperature	25.0		0.0	units						
pH	7.8		1.0	units						
Electrical Conductivity umhos	ND		10.0	umhos/cm						
Duplicate (BEK0810-DUP1)		**Source: 23K1215-02**			Prepared: 11/28/2023	Analyzed: 11/29/2023				
Electrical Conductivity	1.83		0.01	mmhos/cm		1.85			0.766	10
Electrical Conductivity umhos	1830		10.0	umhos/cm		1850			0.766	10
pH	7.8		1.0	units		7.8			0.128	10
Duplicate (BEK0810-DUP2)		**Source: 23K1221-02**			Prepared: 11/28/2023	Analyzed: 11/29/2023				
Electrical Conductivity	0.46		0.01	mmhos/cm		0.46			0.810	10
Electrical Conductivity umhos	455		10.0	umhos/cm		459			0.810	10
pH	8.0		1.0	units		8.0			0.00	10
Reference (BEK0810-SRM1)					Prepared: 11/28/2023	Analyzed: 11/29/2023				
Electrical Conductivity	565			umhos/cm	538.0		105	90-110		
Reference (BEK0810-SRM2)					Prepared: 11/28/2023	Analyzed: 11/29/2023				
Electrical Conductivity	ND		0.01	mmhos/cm				90-110		
Reference (BEK0810-SRM3)					Prepared: 11/28/2023	Analyzed: 11/29/2023				
Electrical Conductivity	1070			umhos/cm	1000		107	90-110		
Reference (BEK0810-SRM4)					Prepared: 11/28/2023	Analyzed: 11/29/2023				
pH	6.6		1.0	units				97.5-102.5		
Reference (BEK0810-SRM5)					Prepared: 11/28/2023	Analyzed: 11/29/2023				
pH	6.5		1.0	units				97.5-102.5		
Reference (BEK0810-SRM6)					Prepared: 11/28/2023	Analyzed: 11/29/2023				

The results in this report apply to the samples as received and were analyzed in accordance with the chain of custody document. This analytical report must be reproduced in its entirety. All results listed in this report are for the exclusive use of the submitting party. Dellavalle Laboratory, Inc. assumes no responsibility for report alteration, separation, detachment or third party interpretation.

DELLAVALLE™
LABORATORY INC

R & J Avila Inc
8119 Ellington Ave
Hilmar, CA 95324

Account# 00-0019840
Account Manager: Ben Nydam
Submitted By: Rui & John Avila
Ranch: Joe Gomes

Received: 11/28/2023 13:50
Reported: 11/30/2023 09:16

Quality Control
(Continued)

Analyte	Result	Qual	Reporting Limit	Units	Spike Level	Source Result	%REC	%REC Limits	RPD	RPD Limit
Batch: BEK0810 (Continued)										
Reference (BEK0810-SRM6)					Prepared: 11/28/2023	Analyzed: 11/29/2023				
pH	4.0			units	4.000		101	97.5-102.5		
Reference (BEK0810-SRM7)					Prepared: 11/28/2023	Analyzed: 11/29/2023				
pH	4.0			units	4.000		100	67021-101.3		

The results in this report apply to the samples as received and were analyzed in accordance with the chain of custody document. This analytical report must be reproduced in its entirety. All results listed in this report are for the exclusive use of the submitting party. Dellavalle Laboratory, Inc. assumes no responsibility for report alteration, separation, detachment or third party interpretation.

11/28/23 13:50 23K1216

DELLAVALLE LABORATORY, INC.

1910 W. McKinley Avenue, Suite 110 • Fresno, CA 93728
www.dellavallelab.com 559 233-6129 · 800 228-9896 · Fax 559 268-8174

JG

No. Samples 4 No. of Bottles: 4

Purchase Order No | Bill To: Acct # 19840 | Cons # 08

Water Type: [ ] Drinking Water [ ] Wastewater
[X] Ag Water [ ] Groundwater [ ] Monitoring Well

Results Need By

Name: R & J Avila Inc
Address: 8119 Ellington Avenue
City: Hilmar **State: CA** **Zip:** 95324
Telephone: (209) 669-7919 **Fax:** (209) 634-4604
Cell/Email: 209 678-3086 Rui / 209 678-1723 John frontdesk.randjavila@gmail.com
COPY TO:

REQUESTED BY: Rui & John Avila
PROJECT Joe Gomes
ID CROP: N/A

[X] Copy of Chain [X] QA/QC Documents
Sampled By: T. Madruga

Other:

Analysis and Bottles Required: (Please indicate Analysis)

(X) DWW1: EC, pH, NO_3-N (NH4-N Field Test)
(1-1 Liter Plastic, Unpreserved) White Per Sample
( ) DWW2: DWW1 Plus SO_4, CO_3, HCO_3, Cl, Ca, Mg, Na, TDS
(1-1 Liter Plastic, Unpreserved) White Per Sample
( ) DCW1: EC, NO_3-N, TDS + TKN & TN
(1-1 Liter Plastic, Unpreserved) White Per Sample
( ) DPW1: EC, pH, NO_3-N, NH_4-N, TKN, TDS, TP, TK
(1-1 Liter Plastic, Unpreserved) White Per Sample
( ) DPW2: DPW1 Plus SO_4, CO_3, HCO_3, Cl, Ca, Mg, Na
(1-1 Liter Plastic, Unpreserved) White Per Sample
( ) Other

	Description of Samples	Date Sampled	Time Sampled	Rec'd Temp °C	Field NH_4-N
1	10465 Merced Well	11/27/2023	1715	-0.2	ND
2	17420 Swanson Well	11/27/2023	1720	1.4	ND
3	3HP Delhi	11/27/2023	1725	2.4	ND
4	5HP Delhi	11/27/2023	1720	2.2	ND
5					
6					
7					
8					
9					
10					

CHAIN OF CUSTODY

Carrier	Signature	Company	Received (Date/Time)	Relinquished (Date/Time)
First	John Avila	R & J Avila, Inc.	11/27/2023 @ 1725	11/28/2023 @ 900
Second	JLF	Dellavalle Laboratory, Inc.	11/28/2023 @ 900	11-28-23 1:20
Third				
Fourth	MJ	DLI	11/28/23 13:50	

I guarantee that as the client, or on behalf of client named, I have the authority to contract the above requested services. Should it be found that I do not have such authority, I agree to be personally liable for all costs and, if there should be action against me for this breach, reasonable attorneys' fees. It is understood that payment is expected to be cash with samples unless terms have been previously arranged. Terms are net 30 days; overdue accounts will be charged a liquidated damage fee of 2% per month (annually 24%) or $5.00 per month whichever is greater.
If payment is not made when due and a legitimate dispute exists concerning the product or services of Dellavalle Laboratory, Inc., it will be submitted to mediation under the Rules and Procedures of Creative Alternative to Litigation, Inc. (*cal*). If the dispute is not resolved in mediation, then the dispute will be submitted to binding arbitration [illegible] s and Procedures. The parties will equally bear the costs of mediation/arbitration. If, however, the mediator declares that no legitimate dispute exists, then debtor [illegible] n the event of arbitration,reasonable attorneys' fees of Dellavalle Laboratory.

IR Thermometer SN: 192603727
Correction Factor: 0°C
Calibration Due: 12/22/2023
Location: Laboratory

Invoicing Information:		*Shipping*	
Sampling hrs		$	In
Miles		$	Out
Consulting			
Amt Paid	Rec By	Check #	Date

Signature

Samples recieved in cooler with ice (coolant)
[ ] Yes [ ] No

11/28/23 13:50 23K1216

Shipping Information: Fed Ex ☐ UPS ☐ GSO ☐ Picked-Up ☒ Walk In ☐ DLI Sampler ☐
Ontrac ☐ PMS ☐ USPS ☐ Other ☐ _____

Shipping Container: Ice Chest ☒ None ☐ Box ☐

Refrigerant: Wet Ice: ☒ Blue Ice: ☐ None: ☐

Container(s) Received	1	2	3	4	5	6	7	8	9	10
Plastics:										
100 mL sterile plastic $Na_2S_2O_3$ (Green)										
250 mL unpreserved (White)										
250 mL HNO_3 (Red)										
250 mL H_2SO_4 (Yellow)										
500 mL unpreserved (White)										
500 mL HNO_3 (Red)										
500 mL H_2SO_4 (Yellow)										
1 L unpreserved (White)	1	1	1	1						
1 L unpreserved (BOD) (Purple)										
1 L HNO_3 (Red)										
1 L H_2SO_4 (Yellow)										
VOA Vials in sets of 3:										
40 mL VOA, HCl (Blue)										
40 mL VOA, $Na_2S_2O_3$ (Green)										
40 mL VOA, unpreserved (White)										
Glass:										
250 mL AG unpreserved (White)										
250 mL AG H_2SO_4 (Yellow)										
250 mL AG $Na_2S_2O_3$ (Green)										
250 mL AG $Na_2S_2O_3$ + MCAA										
500 mL glass unpreserved (White)										
500 mL AG HCl (Blue)										
1 L AG unpreserved (White)										
1 L AG H_2SO_4 (Yellow)										
1 L AG $Na_2S_2O_3$ (Green)										
1 L AG HCl (Blue)										
Special:										
Cr^{6+} w/Borate/HCO3/CO3										
Cyanide - 500 mL NaOH										
Asbestos - 2 - 1L P wrapped in foil										
500 mL or 1 L **AP** $Na_2S_2O_3$ (Green)										
1 L **AG** or **P** NaOH + ZnAc (Sulfide)										
Chlorite/Bromate 250 mL AG with EDA										
TTHM										
HAA5										
40 mL VOA, $Na_2S_2O_3$ + MCAA										