Annual Report - General Order No. R5-2007-0035
Reporting period 01/01/2023 to 12/31/2023.

DAIRY FACILITY INFORMATION

A. NAME OF DAIRY OR BUSINESS OPERATING THE DAIRY: Carlos and Deolinda Lopes Trust

Physical address of dairy:

Number and Street	City	County	Zip Code
17273 W Cotton Gin RD	Los Banos	Merced	93635

Street and nearest cross street (if no address):

Date facility was originally placed in operation: 01/01/1940

Regional Water Quality Control Board Basin Plan designation: San Joaquin River Basin

County Assessor Parcel Number(s) for dairy facility:

X088-X180-X053-XXXX

B. OPERATORS

Lopes, Deolinda and Carlos

Operator name: Lopes, Deolinda and Carlos

Telephone no.: (209) 704-8163 (Landline) (Cellular)

Mailing Address Number and Street	City	State	Zip Code
17273 W Cotton Gin RD	Los Banos	CA	93635

This operator is responsible for paying permit fees.

C. OWNERS

Lopes, Deolinda and Carlos

Legal owner name: Lopes, Deolinda and Carlos

Telephone no.: (209) 704-8163 (Landline) (Cellular)

Mailing Address Number and Street	City	State	Zip Code
17273 W Cotton Gin RD	Los Banos	CA	93635

This owner is responsible for paying permit fees.

Annual Report - General Order No. R5-2007-0035
Reporting period 01/01/2023 to 12/31/2023.

AVAILABLE NUTRIENTS

A. HERD INFORMATION

	Milk Cows	Dry Cows	Bred Heifers (15-24 mo.)	Heifers (7-14 mo. to breeding)	Calves (4-6 mo.)	Calves (0-3 mo.)
Number open confinement	0	0	215	195	145	55
Number under roof	578	47	0	0	0	0
Maximum number	600	55	220	200	150	60
Average number	578	47	215	195	145	55
Avg live weight (lbs)	1,400	1,400	900	650		

Predominant milk cow breed: Holstein

Average milk production: 70 *pounds per cow per day*

B. MANURE GENERATED

Total manure excreted by the herd: 20,188.46 *tons per reporting period*

Total nitrogen from manure: 251,556.20 *lbs per reporting period*

After ammonia losses (30% loss applied): 176,089.34 *lbs per reporting period*

Total phosphorus from manure: 41,257.12 *lbs per reporting period*

Total potassium from manure: 110,692.33 *lbs per reporting period*

Total salt from manure: 282,958.95 *lbs per reporting period*

C. PROCESS WASTEWATER GENERATED

Process wastewater generated: 6,337,160 *gallons*

Total nitrogen generated: 53,813.94 *lbs*

Total phosphorus generated: 4,720.56 *lbs*

Total potassium generated: 110,301.66 *lbs*

Total salt generated: 538,666.19 *lbs*

	6,337,160	*gallons applied*
+	0	*gallons exported*
-	0	*gallons imported*
=	6,337,160	*gallons generated*

D. FRESH WATER SOURCES

Source Description	Type
CCID Canal	Surface water
Cotton Well	Ground water
Dairy Well #2	Ground water
Dairy Well #3	Ground water
Foletta Well	Ground water

Annual Report - General Order No. R5-2007-0035
Reporting period 01/01/2023 to 12/31/2023.

Source Description	Type
Ramicotti Well	Ground water
Ward Well	Ground water

E. SUBSURFACE (TILE) DRAINAGE SOURCES

Source Description
F580 Tile Drain

F. NUTRIENT IMPORTS

No dry manure nutrient imports entered.

No process wastewater nutrient imports entered.

Date	Material type / Description	Quantity	Reporting basis	Moisture (%)	N (%)	P (%)	K (%)	Salt (%)
05/21/2023	Solid commercial fertilizer *21-0-0-21*	36.00 *ton*	Dry-weight	0.1	21.000000	0.000000	0.000000	0.000000

Material type	Total N (lbs)	Total P (lbs)	Total K (lbs)	Total salt (lbs)
Commercial fertilizer / Other	15,104.88	0.00	0.00	0.00
Dry manure	0.00	0.00	0.00	0.00
Process wastewater	0.00	0.00	0.00	0.00
Total imports for all materials	15,104.88	0.00	0.00	0.00

G. NUTRIENT EXPORTS

No solid nutrient exports entered.

No liquid nutrient exports entered.

Annual Report - General Order No. R5-2007-0035
Reporting period 01/01/2023 to 12/31/2023.

APPLICATION AREA

A. LIST OF LAND APPLICATION AREAS

Field name	Controlled acres	Cropable acres	Total harvests	Type of waste applied	Parcel number
1	65	65	2	manure	X088-X130-X034-XXXX
10	22	22	2	both	X088-X150-X024-XXXX
11	30	30	2	process wastewater	X088-X180-X006-XXXX
12	40	40	1	process wastewater	X088-X180-X005-XXXX
2	72	72	1	none	X088-X130-X055-XXXX
4	12	12	2	process wastewater	X088-X180-X053-XXXX
5	80	80	2	process wastewater	X088-X150-X031-XXXX
6	46	46	1	none	X083-X230-X039-XXXX
7	55	55	1	manure	X088-X130-X002-XXXX
9	93	93	2	both	X088-X150-X017-XXXX
Totals for areas that were used for application	397	397	14		
Totals for areas that were not used for application	118	118	2		
Land application area totals	515	515	16		

B. CROPS AND HARVESTS

1

Field name: 1

10/31/2022: Wheat, silage, soft dough

Crop: Wheat, silage, soft dough Acres planted: 65 Plant date: 10/31/2022

Harvest date	Yield	Reporting basis	Density (lbs/cu ft)	Moisture (%)	N (mg/kg)	P (mg/kg)	K (mg/kg)	Salt (mg/kg)	TFS (%)
04/18/2023	920.99 *ton*	As-is		70.0	5,100.00	930.00	11,400.00		9.03

	Yield (tons/acre)	Total N (lbs/acre)	Total P (lbs/acre)	Total K (lbs/acre)	Salt (lbs/acre)
Anticipated harvest content	18.00	198.00	30.60	149.40	0.00
Total actual harvest content	14.17	144.52	26.35	323.05	767.68

Annual Report - General Order No. R5-2007-0035
Reporting period 01/01/2023 to 12/31/2023.

1

06/01/2023: Corn, silage

Crop: Corn, silage Acres planted: 65 Plant date: 06/01/2023

Harvest date	Yield	Reporting basis	Density (lbs/cu ft)	Moisture (%)	N (mg/kg)	P (mg/kg)	K (mg/kg)	Salt (mg/kg)	TFS (%)
09/25/2023	1,611.46 *ton*	As-is		70.4	3,200.00	630.00	5,000.00		5.80

	Yield (tons/acre)	Total N (lbs/acre)	Total P (lbs/acre)	Total K (lbs/acre)	Salt (lbs/acre)
Anticipated harvest content	30.00	240.00	45.00	198.00	0.00
Total actual harvest content	24.79	158.67	31.24	247.92	851.25

10

Field name: 10

11/06/2022: Wheat, silage, soft dough

Crop: Wheat, silage, soft dough Acres planted: 22 Plant date: 11/06/2022

Harvest date	Yield	Reporting basis	Density (lbs/cu ft)	Moisture (%)	N (mg/kg)	P (mg/kg)	K (mg/kg)	Salt (mg/kg)	TFS (%)
04/19/2023	360.83 *ton*	As-is		73.6	6,230.00	900.00	11,600.00		11.70

	Yield (tons/acre)	Total N (lbs/acre)	Total P (lbs/acre)	Total K (lbs/acre)	Salt (lbs/acre)
Anticipated harvest content	18.00	198.00	30.60	149.40	0.00
Total actual harvest content	16.40	204.36	29.52	380.51	1,013.21

06/07/2023: Corn, silage

Crop: Corn, silage Acres planted: 22 Plant date: 06/07/2023

Harvest date	Yield	Reporting basis	Density (lbs/cu ft)	Moisture (%)	N (mg/kg)	P (mg/kg)	K (mg/kg)	Salt (mg/kg)	TFS (%)
09/26/2023	510.70 *ton*	As-is		65.0	3,710.00	990.00	5,250.00		5.00

	Yield (tons/acre)	Total N (lbs/acre)	Total P (lbs/acre)	Total K (lbs/acre)	Salt (lbs/acre)
Anticipated harvest content	30.00	240.00	45.00	198.00	0.00
Total actual harvest content	23.21	172.25	45.96	243.74	812.48

Annual Report - General Order No. R5-2007-0035
Reporting period 01/01/2023 to 12/31/2023.

11

Field name: 11

11/06/2022: Wheat, silage, soft dough

Crop: Wheat, silage, soft dough Acres planted: 30 Plant date: 11/06/2022

Harvest date	Yield	Reporting basis	Density (lbs/cu ft)	Moisture (%)	N (mg/kg)	P (mg/kg)	K (mg/kg)	Salt (mg/kg)	TFS (%)
04/20/2023	397.13 *ton*	As-is		59.4	5,320.00	1,390.00	11,200.00		8.06

	Yield (tons/acre)	Total N (lbs/acre)	Total P (lbs/acre)	Total K (lbs/acre)	Salt (lbs/acre)
Anticipated harvest content	18.00	198.00	30.60	149.40	0.00
Total actual harvest content	13.24	140.85	36.80	296.52	866.37

06/09/2023: Corn, silage

Crop: Corn, silage Acres planted: 30 Plant date: 06/09/2023

Harvest date	Yield	Reporting basis	Density (lbs/cu ft)	Moisture (%)	N (mg/kg)	P (mg/kg)	K (mg/kg)	Salt (mg/kg)	TFS (%)
09/26/2023	518.20 *ton*	As-is		64.6	3,680.00	710.00	4,610.00		5.70

	Yield (tons/acre)	Total N (lbs/acre)	Total P (lbs/acre)	Total K (lbs/acre)	Salt (lbs/acre)
Anticipated harvest content	30.00	240.00	45.00	198.00	0.00
Total actual harvest content	17.27	127.13	24.53	159.26	697.08

12

Field name: 12

10/25/2019: Jose Wheat Grass Hay

Crop: Jose Wheat Grass Hay Acres planted: 40 Plant date: 10/25/2019

Harvest date	Yield	Reporting basis	Density (lbs/cu ft)	Moisture (%)	N (mg/kg)	P (mg/kg)	K (mg/kg)	Salt (mg/kg)	TFS (%)
09/26/2023	272.47 *ton*	As-is		8.0	15,200.00	1,440.00	23,000.00		10.20

	Yield (tons/acre)	Total N (lbs/acre)	Total P (lbs/acre)	Total K (lbs/acre)	Salt (lbs/acre)
Anticipated harvest content	4.00	128.00	17.60	132.00	0.00
Total actual harvest content	6.81	207.08	19.62	313.34	1,278.43

Annual Report - General Order No. R5-2007-0035
Reporting period 01/01/2023 to 12/31/2023.

2

Field name: 2

10/13/2021: Alfalfa, hay

Crop: Alfalfa, hay Acres planted: 72 Plant date: 10/13/2021

Harvest date	Yield	Reporting basis	Density (lbs/cu ft)	Moisture (%)	N (mg/kg)	P (mg/kg)	K (mg/kg)	Salt (mg/kg)	TFS (%)
11/27/2023	293.16 *ton*	As-is		9.0	29,300.00	2,730.00	26,700.00		9.26

	Yield (tons/acre)	Total N (lbs/acre)	Total P (lbs/acre)	Total K (lbs/acre)	Salt (lbs/acre)
Anticipated harvest content	8.00	480.00	43.20	336.00	0.00
Total actual harvest content	4.07	238.60	22.23	217.43	686.21

4

Field name: 4

11/06/2022: Wheat, silage, soft dough

Crop: Wheat, silage, soft dough Acres planted: 12 Plant date: 11/06/2022

Harvest date	Yield	Reporting basis	Density (lbs/cu ft)	Moisture (%)	N (mg/kg)	P (mg/kg)	K (mg/kg)	Salt (mg/kg)	TFS (%)
04/19/2023	114.53 *ton*	As-is		65.2	4,800.00	730.00	8,350.00		10.30

	Yield (tons/acre)	Total N (lbs/acre)	Total P (lbs/acre)	Total K (lbs/acre)	Salt (lbs/acre)
Anticipated harvest content	18.00	198.00	30.60	149.40	0.00
Total actual harvest content	9.54	91.62	13.93	159.39	684.20

06/09/2023: Corn, silage

Crop: Corn, silage Acres planted: 12 Plant date: 06/09/2023

Harvest date	Yield	Reporting basis	Density (lbs/cu ft)	Moisture (%)	N (mg/kg)	P (mg/kg)	K (mg/kg)	Salt (mg/kg)	TFS (%)
09/26/2023	283.87 *ton*	As-is		67.0	2,710.00	770.00	5,140.00		6.40

	Yield (tons/acre)	Total N (lbs/acre)	Total P (lbs/acre)	Total K (lbs/acre)	Salt (lbs/acre)
Anticipated harvest content	30.00	240.00	45.00	198.00	0.00
Total actual harvest content	23.66	128.21	36.43	243.18	999.22

Annual Report - General Order No. R5-2007-0035
Reporting period 01/01/2023 to 12/31/2023.

5

Field name: 5

11/05/2022: Wheat, silage, soft dough

Crop: Wheat, silage, soft dough Acres planted: 80 Plant date: 11/05/2022

Harvest date	Yield	Reporting basis	Density (lbs/cu ft)	Moisture (%)	N (mg/kg)	P (mg/kg)	K (mg/kg)	Salt (mg/kg)	TFS (%)
04/21/2023	533.58 *ton*	As-is		51.8	6,560.00	1,690.00	17,800.00		8.81

	Yield (tons/acre)	Total N (lbs/acre)	Total P (lbs/acre)	Total K (lbs/acre)	Salt (lbs/acre)
Anticipated harvest content	18.00	198.00	30.60	149.40	0.00
Total actual harvest content	6.67	87.51	22.54	237.44	566.45

06/10/2023: Corn, silage

Crop: Corn, silage Acres planted: 80 Plant date: 06/10/2023

Harvest date	Yield	Reporting basis	Density (lbs/cu ft)	Moisture (%)	N (mg/kg)	P (mg/kg)	K (mg/kg)	Salt (mg/kg)	TFS (%)
09/26/2023	1,436.63 *ton*	As-is		63.8	3,480.00	770.00	6,680.00		5.40

	Yield (tons/acre)	Total N (lbs/acre)	Total P (lbs/acre)	Total K (lbs/acre)	Salt (lbs/acre)
Anticipated harvest content	30.00	240.00	45.00	198.00	0.00
Total actual harvest content	17.96	124.99	27.66	239.92	702.08

6

Field name: 6

10/20/2020: Alfalfa, hay

Crop: Alfalfa, hay Acres planted: 46 Plant date: 10/20/2020

Harvest date	Yield	Reporting basis	Density (lbs/cu ft)	Moisture (%)	N (mg/kg)	P (mg/kg)	K (mg/kg)	Salt (mg/kg)	TFS (%)
09/06/2023	185.76 *ton*	As-is		9.0	29,300.00	2,730.00	26,700.00		9.26

	Yield (tons/acre)	Total N (lbs/acre)	Total P (lbs/acre)	Total K (lbs/acre)	Salt (lbs/acre)
Anticipated harvest content	8.00	480.00	43.20	336.00	0.00
Total actual harvest content	4.04	236.64	22.05	215.64	680.58

Annual Report - General Order No. R5-2007-0035
Reporting period 01/01/2023 to 12/31/2023.

7

Field name: 7

10/25/2022: Alfalfa, hay

Crop: Alfalfa, hay Acres planted: 55 Plant date: 10/25/2022

Harvest date	Yield	Reporting basis	Density (lbs/cu ft)	Moisture (%)	N (mg/kg)	P (mg/kg)	K (mg/kg)	Salt (mg/kg)	TFS (%)
11/27/2023	271.91 *ton*	As-is		9.4	29,800.00	2,590.00	29,100.00		10.90

	Yield (tons/acre)	Total N (lbs/acre)	Total P (lbs/acre)	Total K (lbs/acre)	Salt (lbs/acre)
Anticipated harvest content	8.00	480.00	43.20	336.00	0.00
Total actual harvest content	4.94	294.65	25.61	287.73	976.44

9

Field name: 9

11/12/2022: Wheat, silage, soft dough

Crop: Wheat, silage, soft dough Acres planted: 93 Plant date: 11/12/2022

Harvest date	Yield	Reporting basis	Density (lbs/cu ft)	Moisture (%)	N (mg/kg)	P (mg/kg)	K (mg/kg)	Salt (mg/kg)	TFS (%)
04/19/2023	1,350.90 *ton*	As-is		77.4	3,960.00	790.00	9,720.00		12.90

	Yield (tons/acre)	Total N (lbs/acre)	Total P (lbs/acre)	Total K (lbs/acre)	Salt (lbs/acre)
Anticipated harvest content	18.00	198.00	30.60	149.40	0.00
Total actual harvest content	14.53	115.04	22.95	282.38	846.97

06/08/2023: Corn, silage

Crop: Corn, silage Acres planted: 93 Plant date: 06/08/2023

Harvest date	Yield	Reporting basis	Density (lbs/cu ft)	Moisture (%)	N (mg/kg)	P (mg/kg)	K (mg/kg)	Salt (mg/kg)	TFS (%)
09/27/2023	2,466.76 *ton*	As-is		66.6	3,570.00	770.00	5,290.00		5.50

	Yield (tons/acre)	Total N (lbs/acre)	Total P (lbs/acre)	Total K (lbs/acre)	Salt (lbs/acre)
Anticipated harvest content	30.00	240.00	45.00	198.00	0.00
Total actual harvest content	26.52	189.38	40.85	280.63	974.50

Annual Report - General Order No. R5-2007-0035
Reporting period 01/01/2023 to 12/31/2023.

NUTRIENT BUDGET

A. LAND APPLICATIONS

1 - 10/31/2022: Wheat, silage, soft dough

Field name: 1

Crop: Wheat, silage, soft dough — Plant date: 10/31/2022

Application date	Application method	Precipitation 24 hours prior	Precipitation during application	Precipitation 24 hours following
08/11/2022	Broadcast/incorporate	No precipitation	No precipitation	No precipitation

Source description	Material type	N (lbs/acre)	P (lbs/acre)	K (lbs/acre)	Salt (lbs/acre)	Amount
Solid Manure	Corral solids	183.60	64.37	373.06	0.00	405.00 *ton*
Application event totals		183.60	64.37	373.06	0.00	

Application date	Application method	Precipitation 24 hours prior	Precipitation during application	Precipitation 24 hours following
11/11/2022	Surface (irrigation)	No precipitation	No precipitation	No precipitation

Source description	Material type	N (lbs/acre)	P (lbs/acre)	K (lbs/acre)	Salt (lbs/acre)	Amount
CCID Canal	Surface water	1.49	0.00	0.00	116.51	11,634,739.00 *gal*
Application event totals		1.49	0.00	0.00	116.51	

1 - 06/01/2023: Corn, silage

Field name: 1

Crop: Corn, silage — Plant date: 06/01/2023

Application date	Application method	Precipitation 24 hours prior	Precipitation during application	Precipitation 24 hours following
04/27/2023	Broadcast/incorporate	No precipitation	No precipitation	No precipitation

Source description	Material type	N (lbs/acre)	P (lbs/acre)	K (lbs/acre)	Salt (lbs/acre)	Amount
Solid Manure	Separator solids	151.18	8.69	79.35	0.00	750.00 *ton*
Application event totals		151.18	8.69	79.35	0.00	

Application date	Application method	Precipitation 24 hours prior	Precipitation during application	Precipitation 24 hours following
05/21/2023	Sidedress	No precipitation	No precipitation	No precipitation

Source description	Material type	N (lbs/acre)	P (lbs/acre)	K (lbs/acre)	Salt (lbs/acre)	Amount
21-0-0-1	Solid commercial fertilizer	50.00	0.00	0.00	0.00	
Application event totals		50.00	0.00	0.00	0.00	

Annual Report - General Order No. R5-2007-0035
Reporting period 01/01/2023 to 12/31/2023.

1 - 06/01/2023: Corn, silage

Application date	Application method	Precipitation 24 hours prior	Precipitation during application	Precipitation 24 hours following
06/09/2023	Surface (irrigation)	No precipitation	No precipitation	No precipitation

Source description	Material type	N (lbs/acre)	P (lbs/acre)	K (lbs/acre)	Salt (lbs/acre)	Amount
CCID Canal	Surface water	1.29	0.00	0.00	100.52	10,038,067.00 *gal*
Application event totals		1.29	0.00	0.00	100.52	

07/10/2023	Surface (irrigation)	No precipitation	No precipitation	No precipitation

Source description	Material type	N (lbs/acre)	P (lbs/acre)	K (lbs/acre)	Salt (lbs/acre)	Amount
CCID Canal	Surface water	1.52	0.00	0.00	118.46	11,829,888.00 *gal*
Application event totals		1.52	0.00	0.00	118.46	

07/27/2023	Surface (irrigation)	No precipitation	No precipitation	No precipitation

Source description	Material type	N (lbs/acre)	P (lbs/acre)	K (lbs/acre)	Salt (lbs/acre)	Amount
CCID Canal	Surface water	1.49	0.00	0.00	115.86	11,569,421.00 *gal*
Application event totals		1.49	0.00	0.00	115.86	

08/09/2023	Surface (irrigation)	No precipitation	No precipitation	No precipitation

Source description	Material type	N (lbs/acre)	P (lbs/acre)	K (lbs/acre)	Salt (lbs/acre)	Amount
CCID Canal	Surface water	1.33	0.00	0.00	103.78	10,363,853.00 *gal*
Application event totals		1.33	0.00	0.00	103.78	

08/24/2023	Surface (irrigation)	No precipitation	No precipitation	No precipitation

Source description	Material type	N (lbs/acre)	P (lbs/acre)	K (lbs/acre)	Salt (lbs/acre)	Amount
CCID Canal	Surface water	1.25	0.00	0.00	97.25	9,711,475.00 *gal*
Application event totals		1.25	0.00	0.00	97.25	

09/07/2023	Surface (irrigation)	No precipitation	No precipitation	No precipitation

Source description	Material type	N (lbs/acre)	P (lbs/acre)	K (lbs/acre)	Salt (lbs/acre)	Amount
CCID Canal	Surface water	1.07	0.00	0.00	83.22	8,310,758.00 *gal*
Application event totals		1.07	0.00	0.00	83.22	

10 - 11/06/2022: Wheat, silage, soft dough

Annual Report - General Order No. R5-2007-0035
Reporting period 01/01/2023 to 12/31/2023.

10 - 11/06/2022: Wheat, silage, soft dough

Field name: 10

Crop: Wheat, silage, soft dough

Plant date: 11/06/2022

Application date	Application method	Precipitation 24 hours prior	Precipitation during application	Precipitation 24 hours following
10/24/2022	Towed tank	No precipitation	No precipitation	No precipitation

Source description	Material type	N (lbs/acre)	P (lbs/acre)	K (lbs/acre)	Salt (lbs/acre)	Amount
Slurry	Process wastewater sludge	257.29	19.59	456.21	1,954.55	570,000.00 *gal*
Application event totals		257.29	19.59	456.21	1,954.55	

11/17/2022	Surface (irrigation)	No precipitation	No precipitation	No precipitation

Source description	Material type	N (lbs/acre)	P (lbs/acre)	K (lbs/acre)	Salt (lbs/acre)	Amount
CCID Canal	Surface water	1.87	0.00	0.00	145.61	4,921,459.00 *gal*
Application event totals		1.87	0.00	0.00	145.61	

10 - 06/07/2023: Corn, silage

Field name: 10

Crop: Corn, silage

Plant date: 06/07/2023

Application date	Application method	Precipitation 24 hours prior	Precipitation during application	Precipitation 24 hours following
04/28/2023	Broadcast/incorporate	No precipitation	No precipitation	No precipitation

Source description	Material type	N (lbs/acre)	P (lbs/acre)	K (lbs/acre)	Salt (lbs/acre)	Amount
Solid Manure	Separator solids	147.70	8.49	77.53	0.00	248.00 *ton*
Application event totals		147.70	8.49	77.53	0.00	

05/26/2023	Surface (irrigation)	No precipitation	No precipitation	No precipitation

Source description	Material type	N (lbs/acre)	P (lbs/acre)	K (lbs/acre)	Salt (lbs/acre)	Amount
21-0-0-21	Solid commercial fertilizer	50.00	0.00	0.00	0.00	
CCID Canal	Surface water	1.66	0.00	0.00	129.22	4,367,462.00 *gal*
Application event totals		51.66	0.00	0.00	129.22	

Annual Report - General Order No. R5-2007-0035
Reporting period 01/01/2023 to 12/31/2023.

10 - 06/07/2023: Corn, silage

Application date	Application method	Precipitation 24 hours prior	Precipitation during application	Precipitation 24 hours following
07/06/2023	Surface (irrigation)	No precipitation	No precipitation	No precipitation

Source description	Material type	N (lbs/acre)	P (lbs/acre)	K (lbs/acre)	Salt (lbs/acre)	Amount
CCID Canal	Surface water	1.47	0.00	0.00	114.74	3,877,978.00 *gal*
Application event totals		1.47	0.00	0.00	114.74	

Application date	Application method	Precipitation 24 hours prior	Precipitation during application	Precipitation 24 hours following
07/20/2023	Surface (irrigation)	No precipitation	No precipitation	No precipitation

Source description	Material type	N (lbs/acre)	P (lbs/acre)	K (lbs/acre)	Salt (lbs/acre)	Amount
CCID Canal	Surface water	1.99	0.00	0.00	155.25	5,247,245.00 *gal*
Application event totals		1.99	0.00	0.00	155.25	

Application date	Application method	Precipitation 24 hours prior	Precipitation during application	Precipitation 24 hours following
08/05/2023	Surface (irrigation)	No precipitation	No precipitation	No precipitation

Source description	Material type	N (lbs/acre)	P (lbs/acre)	K (lbs/acre)	Salt (lbs/acre)	Amount
CCID Canal	Surface water	1.48	0.00	0.00	115.72	3,911,040.00 *gal*
Application event totals		1.48	0.00	0.00	115.72	

Application date	Application method	Precipitation 24 hours prior	Precipitation during application	Precipitation 24 hours following
08/21/2023	Surface (irrigation)	No precipitation	No precipitation	No precipitation

Source description	Material type	N (lbs/acre)	P (lbs/acre)	K (lbs/acre)	Salt (lbs/acre)	Amount
CCID Canal	Surface water	1.36	0.00	0.00	106.08	3,585,254.00 *gal*
Application event totals		1.36	0.00	0.00	106.08	

Application date	Application method	Precipitation 24 hours prior	Precipitation during application	Precipitation 24 hours following
09/03/2023	Surface (irrigation)	No precipitation	No precipitation	No precipitation

Source description	Material type	N (lbs/acre)	P (lbs/acre)	K (lbs/acre)	Salt (lbs/acre)	Amount
CCID Canal	Surface water	1.14	0.00	0.00	88.71	2,998,195.00 *gal*
Application event totals		1.14	0.00	0.00	88.71	

11 - 11/06/2022: Wheat, silage, soft dough

Field name: 11

Crop: Wheat, silage, soft dough

Plant date: 11/06/2022

Application date	Application method	Precipitation 24 hours prior	Precipitation during application	Precipitation 24 hours following

Annual Report - General Order No. R5-2007-0035
Reporting period 01/01/2023 to 12/31/2023.

11 - 11/06/2022: Wheat, silage, soft dough

Application date	Application method	Precipitation 24 hours prior	Precipitation during application	Precipitation 24 hours following
11/15/2022	Surface (irrigation)	No precipitation	No precipitation	No precipitation

Source description	Material type	N (lbs/acre)	P (lbs/acre)	K (lbs/acre)	Salt (lbs/acre)	Amount
CCID Canal	Surface water	1.56	0.00	0.00	121.60	5,604,286.00 *gal*
Application event totals		1.56	0.00	0.00	121.60	

02/06/2023	Surface (irrigation)	Light rain	No precipitation	No precipitation

Source description	Material type	N (lbs/acre)	P (lbs/acre)	K (lbs/acre)	Salt (lbs/acre)	Amount
Wastewater	Process wastewater	165.54	17.93	319.02	1,676.13	619,920.00 *gal*
Application event totals		165.54	17.93	319.02	1,676.13	

11 - 06/09/2023: Corn, silage

Field name: 11

Crop: Corn, silage

Plant date: 06/09/2023

Application date	Application method	Precipitation 24 hours prior	Precipitation during application	Precipitation 24 hours following
05/27/2023	Surface (irrigation)	No precipitation	No precipitation	No precipitation

Source description	Material type	N (lbs/acre)	P (lbs/acre)	K (lbs/acre)	Salt (lbs/acre)	Amount
Starter	Solid commercial fertilizer	50.00	0.00	0.00	0.00	
CCID Canal	Surface water	1.73	0.00	0.00	135.06	6,224,602.00 *gal*
Application event totals		51.73	0.00	0.00	135.06	

07/04/2023	Surface (irrigation)	No precipitation	No precipitation	No precipitation

Source description	Material type	N (lbs/acre)	P (lbs/acre)	K (lbs/acre)	Salt (lbs/acre)	Amount
CCID Canal	Surface water	1.43	0.00	0.00	111.71	5,148,864.00 *gal*
Application event totals		1.43	0.00	0.00	111.71	

Annual Report - General Order No. R5-2007-0035
Reporting period 01/01/2023 to 12/31/2023.

11 - 06/09/2023: Corn, silage

Application date	Application method	Precipitation 24 hours prior	Precipitation during application	Precipitation 24 hours following
07/19/2023	Surface (irrigation)	No precipitation	No precipitation	No precipitation

Source description	Material type	N (lbs/acre)	P (lbs/acre)	K (lbs/acre)	Salt (lbs/acre)	Amount
Wastewater	Process wastewater	107.31	7.63	293.21	1,490.08	432,000.00 *gal*
CCID Canal	Surface water	1.93	0.00	0.00	150.61	6,941,491.00 *gal*
Application event totals		109.24	7.63	293.21	1,640.69	

Application date	Application method	Precipitation 24 hours prior	Precipitation during application	Precipitation 24 hours following
08/03/2023	Surface (irrigation)	No precipitation	No precipitation	No precipitation

Source description	Material type	N (lbs/acre)	P (lbs/acre)	K (lbs/acre)	Salt (lbs/acre)	Amount
CCID Canal	Surface water	1.43	0.00	0.00	111.71	5,148,864.00 *gal*
Application event totals		1.43	0.00	0.00	111.71	

Application date	Application method	Precipitation 24 hours prior	Precipitation during application	Precipitation 24 hours following
08/19/2023	Surface (irrigation)	No precipitation	No precipitation	No precipitation

Source description	Material type	N (lbs/acre)	P (lbs/acre)	K (lbs/acre)	Salt (lbs/acre)	Amount
CCID Canal	Surface water	1.56	0.00	0.00	121.62	5,605,286.00 *gal*
Application event totals		1.56	0.00	0.00	121.62	

Application date	Application method	Precipitation 24 hours prior	Precipitation during application	Precipitation 24 hours following
09/01/2023	Surface (irrigation)	No precipitation	No precipitation	No precipitation

Source description	Material type	N (lbs/acre)	P (lbs/acre)	K (lbs/acre)	Salt (lbs/acre)	Amount
CCID Canal	Surface water	1.57	0.00	0.00	122.34	5,638,349.00 *gal*
Application event totals		1.57	0.00	0.00	122.34	

12 - 10/25/2019: Jose Wheat Grass Hay

Field name: 12

Crop: Jose Wheat Grass Hay

Plant date: 10/25/2019

Application date	Application method	Precipitation 24 hours prior	Precipitation during application	Precipitation 24 hours following
04/10/2023	Surface (irrigation)	No precipitation	No precipitation	No precipitation

Source description	Material type	N (lbs/acre)	P (lbs/acre)	K (lbs/acre)	Salt (lbs/acre)	Amount
WW Application	Process wastewater	226.54	24.54	436.56	2,293.72	1,131,120.00 *gal*
Application event totals		226.54	24.54	436.56	2,293.72	

Annual Report - General Order No. R5-2007-0035
Reporting period 01/01/2023 to 12/31/2023.

12 - 10/25/2019: Jose Wheat Grass Hay

Application date	Application method	Precipitation 24 hours prior	Precipitation during application	Precipitation 24 hours following
06/26/2023	Surface (irrigation)	No precipitation	No precipitation	No precipitation

Source description	Material type	N (lbs/acre)	P (lbs/acre)	K (lbs/acre)	Salt (lbs/acre)	Amount
CCID Canal	Surface water	1.55	0.00	0.00	120.91	7,430,170.00 *gal*
Application event totals		1.55	0.00	0.00	120.91	

Application date	Application method	Precipitation 24 hours prior	Precipitation during application	Precipitation 24 hours following
07/18/2023	Surface (irrigation)	No precipitation	No precipitation	No precipitation

Source description	Material type	N (lbs/acre)	P (lbs/acre)	K (lbs/acre)	Salt (lbs/acre)	Amount
CCID Canal	Surface water	1.31	0.00	0.00	101.83	6,257,664.00 *gal*
Application event totals		1.31	0.00	0.00	101.83	

Application date	Application method	Precipitation 24 hours prior	Precipitation during application	Precipitation 24 hours following
08/09/2023	Surface (irrigation)	No precipitation	No precipitation	No precipitation

Source description	Material type	N (lbs/acre)	P (lbs/acre)	K (lbs/acre)	Salt (lbs/acre)	Amount
CCID Canal	Surface water	1.26	0.00	0.00	98.12	6,029,453.00 *gal*
Application event totals		1.26	0.00	0.00	98.12	

2 - 10/13/2021: Alfalfa, hay

Field name: 2

Crop: Alfalfa, hay

Plant date: 10/13/2021

Application date	Application method	Precipitation 24 hours prior	Precipitation during application	Precipitation 24 hours following
04/24/2023	Surface (irrigation)	No precipitation	No precipitation	No precipitation

Source description	Material type	N (lbs/acre)	P (lbs/acre)	K (lbs/acre)	Salt (lbs/acre)	Amount
CCID Canal	Surface water	1.07	0.00	0.00	83.38	9,222,797.00 *gal*
Application event totals		1.07	0.00	0.00	83.38	

Application date	Application method	Precipitation 24 hours prior	Precipitation during application	Precipitation 24 hours following
05/20/2023	Surface (irrigation)	No precipitation	No precipitation	No precipitation

Source description	Material type	N (lbs/acre)	P (lbs/acre)	K (lbs/acre)	Salt (lbs/acre)	Amount
CCID Canal	Surface water	1.13	0.00	0.00	88.09	9,744,538.00 *gal*
Application event totals		1.13	0.00	0.00	88.09	

Annual Report - General Order No. R5-2007-0035
Reporting period 01/01/2023 to 12/31/2023.

2 - 10/13/2021: Alfalfa, hay

Application date	Application method	Precipitation 24 hours prior	Precipitation during application	Precipitation 24 hours following
06/19/2023	Surface (irrigation)	No precipitation	No precipitation	No precipitation

Source description	Material type	N (lbs/acre)	P (lbs/acre)	K (lbs/acre)	Salt (lbs/acre)	Amount
CCID Canal	Surface water	1.38	0.00	0.00	107.54	11,895,206.00 *gal*
Application event totals		1.38	0.00	0.00	107.54	

Application date	Application method	Precipitation 24 hours prior	Precipitation during application	Precipitation 24 hours following
07/13/2023	Surface (irrigation)	No precipitation	No precipitation	No precipitation

Source description	Material type	N (lbs/acre)	P (lbs/acre)	K (lbs/acre)	Salt (lbs/acre)	Amount
CCID Canal	Surface water	1.48	0.00	0.00	115.79	12,808,051.00 *gal*
Application event totals		1.48	0.00	0.00	115.79	

Application date	Application method	Precipitation 24 hours prior	Precipitation during application	Precipitation 24 hours following
08/12/2023	Surface (irrigation)	No precipitation	No precipitation	No precipitation

Source description	Material type	N (lbs/acre)	P (lbs/acre)	K (lbs/acre)	Salt (lbs/acre)	Amount
CCID Canal	Surface water	1.51	0.00	0.00	118.14	13,068,518.00 *gal*
Application event totals		1.51	0.00	0.00	118.14	

Application date	Application method	Precipitation 24 hours prior	Precipitation during application	Precipitation 24 hours following
09/14/2023	Surface (irrigation)	No precipitation	No precipitation	No precipitation

Source description	Material type	N (lbs/acre)	P (lbs/acre)	K (lbs/acre)	Salt (lbs/acre)	Amount
CCID Canal	Surface water	1.22	0.00	0.00	95.46	10,559,002.00 *gal*
Application event totals		1.22	0.00	0.00	95.46	

4 - 11/06/2022: Wheat, silage, soft dough

Field name: 4

Crop: Wheat, silage, soft dough

Plant date: 11/06/2022

Application date	Application method	Precipitation 24 hours prior	Precipitation during application	Precipitation 24 hours following
10/24/2022	Towed tank	No precipitation	No precipitation	No precipitation

Source description	Material type	N (lbs/acre)	P (lbs/acre)	K (lbs/acre)	Salt (lbs/acre)	Amount
Slurry	Process wastewater sludge	124.13	9.45	220.10	942.99	150,000.00 *gal*
Application event totals		124.13	9.45	220.10	942.99	

Annual Report - General Order No. R5-2007-0035
Reporting period 01/01/2023 to 12/31/2023.

4 - 11/06/2022: Wheat, silage, soft dough

Application date	Application method	Precipitation 24 hours prior	Precipitation during application	Precipitation 24 hours following
11/15/2022	Surface (irrigation)	No precipitation	No precipitation	No precipitation

Source description	Material type	N (lbs/acre)	P (lbs/acre)	K (lbs/acre)	Salt (lbs/acre)	Amount
CCID Canal	Surface water	1.54	0.00	0.00	120.20	2,215,987.00 *gal*
Application event totals		1.54	0.00	0.00	120.20	

4 - 06/09/2023: Corn, silage

Field name: 4

Crop: Corn, silage

Plant date: 06/09/2023

Application date	Application method	Precipitation 24 hours prior	Precipitation during application	Precipitation 24 hours following
05/27/2023	Surface (irrigation)	No precipitation	No precipitation	No precipitation

Source description	Material type	N (lbs/acre)	P (lbs/acre)	K (lbs/acre)	Salt (lbs/acre)	Amount
21-0-0-1	Solid commercial fertilizer	50.00	0.00	0.00	0.00	
CCID Canal	Surface water	1.56	0.00	0.00	121.99	2,249,050.00 *gal*
Application event totals		51.56	0.00	0.00	121.99	

07/04/2023	Surface (irrigation)	No precipitation	No precipitation	No precipitation

Source description	Material type	N (lbs/acre)	P (lbs/acre)	K (lbs/acre)	Salt (lbs/acre)	Amount
CCID Canal	Surface water	1.54	0.00	0.00	120.20	2,215,987.00 *gal*
Application event totals		1.54	0.00	0.00	120.20	

07/22/2023	Surface (irrigation)	No precipitation	No precipitation	No precipitation

Source description	Material type	N (lbs/acre)	P (lbs/acre)	K (lbs/acre)	Salt (lbs/acre)	Amount
Wastewater	Process wastewater	111.78	7.95	305.43	1,552.17	180,000.00 *gal*
CCID Canal	Surface water	1.18	0.00	0.00	91.94	1,695,053.00 *gal*
Application event totals		112.96	7.95	305.43	1,644.11	

Annual Report - General Order No. R5-2007-0035
Reporting period 01/01/2023 to 12/31/2023.

4 - 06/09/2023: Corn, silage

Application date	Application method	Precipitation 24 hours prior	Precipitation during application	Precipitation 24 hours following
08/03/2023	Surface (irrigation)	No precipitation	No precipitation	No precipitation

Source description	Material type	N (lbs/acre)	P (lbs/acre)	K (lbs/acre)	Salt (lbs/acre)	Amount
CCID Canal	Surface water	1.54	0.00	0.00	120.20	2,215,987.00 *gal*
Application event totals		1.54	0.00	0.00	120.20	

08/19/2023	Surface (irrigation)	No precipitation	No precipitation	No precipitation

Source description	Material type	N (lbs/acre)	P (lbs/acre)	K (lbs/acre)	Salt (lbs/acre)	Amount
CCID Canal	Surface water	1.65	0.00	0.00	129.04	2,378,880.00 *gal*
Application event totals		1.65	0.00	0.00	129.04	

09/01/2023	Surface (irrigation)	No precipitation	No precipitation	No precipitation

Source description	Material type	N (lbs/acre)	P (lbs/acre)	K (lbs/acre)	Salt (lbs/acre)	Amount
CCID Canal	Surface water	1.68	0.00	0.00	130.83	2,411,942.00 *gal*
Application event totals		1.68	0.00	0.00	130.83	

5 - 11/05/2022: Wheat, silage, soft dough

Field name: 5

Crop: Wheat, silage, soft dough

Plant date: 11/05/2022

Application date	Application method	Precipitation 24 hours prior	Precipitation during application	Precipitation 24 hours following
11/18/2022	Surface (irrigation)	No precipitation	No precipitation	No precipitation

Source description	Material type	N (lbs/acre)	P (lbs/acre)	K (lbs/acre)	Salt (lbs/acre)	Amount
CCID Canal	Surface water	1.37	0.00	0.00	106.86	13,133,837.00 *gal*
Application event totals		1.37	0.00	0.00	106.86	

01/20/2023	Surface (irrigation)	Light rain	No precipitation	No precipitation

Source description	Material type	N (lbs/acre)	P (lbs/acre)	K (lbs/acre)	Salt (lbs/acre)	Amount
Wastewater	Process wastewater	90.31	9.78	174.03	914.35	901,800.00 *gal*
Application event totals		90.31	9.78	174.03	914.35	

Annual Report - General Order No. R5-2007-0035
Reporting period 01/01/2023 to 12/31/2023.

5 - 06/10/2023: Corn, silage

Field name: 5

Crop: Corn, silage

Plant date: 06/10/2023

Application date	Application method	Precipitation 24 hours prior	Precipitation during application	Precipitation 24 hours following
05/29/2023	Surface (irrigation)	No precipitation	No precipitation	No precipitation

Source description	Material type	N (lbs/acre)	P (lbs/acre)	K (lbs/acre)	Salt (lbs/acre)	Amount
21-0-0-21	Solid commercial fertilizer	50.00	0.00	0.00	0.00	
CCID Canal	Surface water	1.56	0.00	0.00	121.98	14,991,782.00 *gal*
Application event totals		51.56	0.00	0.00	121.98	

Application date	Application method	Precipitation 24 hours prior	Precipitation during application	Precipitation 24 hours following
07/07/2023	Surface (irrigation)	No precipitation	No precipitation	No precipitation

Source description	Material type	N (lbs/acre)	P (lbs/acre)	K (lbs/acre)	Salt (lbs/acre)	Amount
CCID Canal	Surface water	1.24	0.00	0.00	96.78	11,895,206.00 *gal*
Application event totals		1.24	0.00	0.00	96.78	

Application date	Application method	Precipitation 24 hours prior	Precipitation during application	Precipitation 24 hours following
07/25/2023	Surface (irrigation)	No precipitation	No precipitation	No precipitation

Source description	Material type	N (lbs/acre)	P (lbs/acre)	K (lbs/acre)	Salt (lbs/acre)	Amount
Wastewater	Process wastewater	63.21	4.49	172.72	877.75	678,600.00 *gal*
CCID Canal	Surface water	1.16	0.00	0.00	90.42	11,112,998.00 *gal*
Application event totals		64.37	4.49	172.72	968.17	

Application date	Application method	Precipitation 24 hours prior	Precipitation during application	Precipitation 24 hours following
08/06/2023	Surface (irrigation)	No precipitation	No precipitation	No precipitation

Source description	Material type	N (lbs/acre)	P (lbs/acre)	K (lbs/acre)	Salt (lbs/acre)	Amount
CCID Canal	Surface water	1.00	0.00	0.00	77.69	9,548,582.00 *gal*
Application event totals		1.00	0.00	0.00	77.69	

Application date	Application method	Precipitation 24 hours prior	Precipitation during application	Precipitation 24 hours following
08/25/2023	Surface (irrigation)	No precipitation	No precipitation	No precipitation

Source description	Material type	N (lbs/acre)	P (lbs/acre)	K (lbs/acre)	Salt (lbs/acre)	Amount
Wastewater	Process wastewater	31.09	2.21	84.94	431.66	333,720.00 *gal*
CCID Canal	Surface water	0.89	0.00	0.00	69.74	8,571,226.00 *gal*
Application event totals		31.98	2.21	84.94	501.40	

Annual Report - General Order No. R5-2007-0035
Reporting period 01/01/2023 to 12/31/2023.

5 - 06/10/2023: Corn, silage

Application date	Application method	Precipitation 24 hours prior	Precipitation during application	Precipitation 24 hours following
09/04/2023	Surface (irrigation)	No precipitation	No precipitation	No precipitation

Source description	Material type	N (lbs/acre)	P (lbs/acre)	K (lbs/acre)	Salt (lbs/acre)	Amount
CCID Canal	Surface water	0.88	0.00	0.00	68.41	8,408,333.00 *gal*
Application event totals		0.88	0.00	0.00	68.41	

6 - 10/20/2020: Alfalfa, hay

Field name: 6

Crop: Alfalfa, hay

Plant date: 10/20/2020

Application date	Application method	Precipitation 24 hours prior	Precipitation during application	Precipitation 24 hours following
04/24/2023	Surface (irrigation)	No precipitation	No precipitation	No precipitation

Source description	Material type	N (lbs/acre)	P (lbs/acre)	K (lbs/acre)	Salt (lbs/acre)	Amount
CCID Canal	Surface water	1.58	0.00	0.00	123.59	8,734,118.00 *gal*
Application event totals		1.58	0.00	0.00	123.59	

05/21/2023	Surface (irrigation)	No precipitation	No precipitation	No precipitation

Source description	Material type	N (lbs/acre)	P (lbs/acre)	K (lbs/acre)	Salt (lbs/acre)	Amount
CCID Canal	Surface water	1.45	0.00	0.00	113.45	8,017,229.00 *gal*
Application event totals		1.45	0.00	0.00	113.45	

06/19/2023	Surface (irrigation)	No precipitation	No precipitation	No precipitation

Source description	Material type	N (lbs/acre)	P (lbs/acre)	K (lbs/acre)	Salt (lbs/acre)	Amount
CCID Canal	Surface water	1.60	0.00	0.00	124.51	8,799,437.00 *gal*
Application event totals		1.60	0.00	0.00	124.51	

07/12/2023	Surface (irrigation)	No precipitation	No precipitation	No precipitation

Source description	Material type	N (lbs/acre)	P (lbs/acre)	K (lbs/acre)	Salt (lbs/acre)	Amount
CCID Canal	Surface water	1.51	0.00	0.00	117.60	8,310,758.00 *gal*
Application event totals		1.51	0.00	0.00	117.60	

Annual Report - General Order No. R5-2007-0035
Reporting period 01/01/2023 to 12/31/2023.

6 - 10/20/2020: Alfalfa, hay

Application date	Application method	Precipitation 24 hours prior	Precipitation during application	Precipitation 24 hours following
08/13/2023	Surface (irrigation)	No precipitation	No precipitation	No precipitation

Source description	Material type	N (lbs/acre)	P (lbs/acre)	K (lbs/acre)	Salt (lbs/acre)	Amount
CCID Canal	Surface water	1.68	0.00	0.00	131.43	9,288,115.00 *gal*
Application event totals		1.68	0.00	0.00	131.43	

7 - 10/25/2022: Alfalfa, hay

Field name: 7

Crop: Alfalfa, hay

Plant date: 10/25/2022

Application date	Application method	Precipitation 24 hours prior	Precipitation during application	Precipitation 24 hours following
10/03/2022	Broadcast/incorporate	No precipitation	No precipitation	No precipitation

Source description	Material type	N (lbs/acre)	P (lbs/acre)	K (lbs/acre)	Salt (lbs/acre)	Amount
Solid Manure	Separator solids	263.95	67.26	520.29	0.00	495.00 *ton*
Application event totals		263.95	67.26	520.29	0.00	

05/20/2023	Surface (irrigation)	No precipitation	No precipitation	No precipitation

Source description	Material type	N (lbs/acre)	P (lbs/acre)	K (lbs/acre)	Salt (lbs/acre)	Amount
CCID Canal	Surface water	1.29	0.00	0.00	100.77	8,514,778.00 *gal*
Application event totals		1.29	0.00	0.00	100.77	

06/19/2023	Surface (irrigation)	No precipitation	No precipitation	No precipitation

Source description	Material type	N (lbs/acre)	P (lbs/acre)	K (lbs/acre)	Salt (lbs/acre)	Amount
CCID Canal	Surface water	1.59	0.00	0.00	123.90	10,469,491.00 *gal*
Application event totals		1.59	0.00	0.00	123.90	

07/13/2023	Surface (irrigation)	No precipitation	No precipitation	No precipitation

Source description	Material type	N (lbs/acre)	P (lbs/acre)	K (lbs/acre)	Salt (lbs/acre)	Amount
CCID Canal	Surface water	1.69	0.00	0.00	132.11	11,162,995.00 *gal*
Application event totals		1.69	0.00	0.00	132.11	

Annual Report - General Order No. R5-2007-0035
Reporting period 01/01/2023 to 12/31/2023.

7 - 10/25/2022: Alfalfa, hay

Application date	Application method	Precipitation 24 hours prior	Precipitation during application	Precipitation 24 hours following
08/12/2023	Surface (irrigation)	No precipitation	No precipitation	No precipitation

Source description	Material type	N (lbs/acre)	P (lbs/acre)	K (lbs/acre)	Salt (lbs/acre)	Amount
CCID Canal	Surface water	1.74	0.00	0.00	135.96	11,487,974.00 *gal*
Application event totals		1.74	0.00	0.00	135.96	

09/14/2023	Surface (irrigation)	No precipitation	No precipitation	No precipitation

Source description	Material type	N (lbs/acre)	P (lbs/acre)	K (lbs/acre)	Salt (lbs/acre)	Amount
CCID Canal	Surface water	1.40	0.00	0.00	108.97	9,207,475.00 *gal*
Application event totals		1.40	0.00	0.00	108.97	

9 - 11/12/2022: Wheat, silage, soft dough

Field name: 9

Crop: Wheat, silage, soft dough Plant date: 11/12/2022

Application date	Application method	Precipitation 24 hours prior	Precipitation during application	Precipitation 24 hours following
10/22/2022	Towed tank	No precipitation	No precipitation	No precipitation

Source description	Material type	N (lbs/acre)	P (lbs/acre)	K (lbs/acre)	Salt (lbs/acre)	Amount
Slurry	Process wastewater sludge	143.09	10.89	253.71	1,086.97	1,340,000.00 *gal*
Application event totals		143.09	10.89	253.71	1,086.97	

11/18/2022	Surface (irrigation)	No precipitation	No precipitation	No precipitation

Source description	Material type	N (lbs/acre)	P (lbs/acre)	K (lbs/acre)	Salt (lbs/acre)	Amount
CCID Canal	Surface water	2.19	0.00	0.00	171.17	24,455,693.00 *gal*
Application event totals		2.19	0.00	0.00	171.17	

9 - 06/08/2023: Corn, silage

Field name: 9

Crop: Corn, silage Plant date: 06/08/2023

Annual Report - General Order No. R5-2007-0035
Reporting period 01/01/2023 to 12/31/2023.

9 - 06/08/2023: Corn, silage

Application date	Application method	Precipitation 24 hours prior	Precipitation during application	Precipitation 24 hours following
05/02/2023	Broadcast/incorporate	No precipitation	No precipitation	No precipitation

Source description	Material type	N (lbs/acre)	P (lbs/acre)	K (lbs/acre)	Salt (lbs/acre)	Amount
Solid Manure	Separator solids	181.46	10.43	95.25	0.00	1,288.00 *ton*
Application event totals		181.46	10.43	95.25	0.00	

05/25/2023	Surface (irrigation)	No precipitation	No precipitation	No precipitation

Source description	Material type	N (lbs/acre)	P (lbs/acre)	K (lbs/acre)	Salt (lbs/acre)	Amount
21-0-0-21	Solid commercial fertilizer	50.00	0.00	0.00	0.00	
CCID Canal	Surface water	2.02	0.00	0.00	157.85	22,552,589.00 *gal*
Application event totals		52.02	0.00	0.00	157.85	

07/04/2023	Surface (irrigation)	No precipitation	No precipitation	No precipitation

Source description	Material type	N (lbs/acre)	P (lbs/acre)	K (lbs/acre)	Salt (lbs/acre)	Amount
CCID Canal	Surface water	1.51	0.00	0.00	117.40	16,773,120.00 *gal*
Application event totals		1.51	0.00	0.00	117.40	

07/19/2023	Surface (irrigation)	No precipitation	No precipitation	No precipitation

Source description	Material type	N (lbs/acre)	P (lbs/acre)	K (lbs/acre)	Salt (lbs/acre)	Amount
CCID Canal	Surface water	1.31	0.00	0.00	102.04	14,578,906.00 *gal*
Application event totals		1.31	0.00	0.00	102.04	

08/03/2023	Surface (irrigation)	No precipitation	No precipitation	No precipitation

Source description	Material type	N (lbs/acre)	P (lbs/acre)	K (lbs/acre)	Salt (lbs/acre)	Amount
CCID Canal	Surface water	1.45	0.00	0.00	113.44	16,207,834.00 *gal*
Application event totals		1.45	0.00	0.00	113.44	

08/18/2023	Surface (irrigation)	No precipitation	No precipitation	No precipitation

Source description	Material type	N (lbs/acre)	P (lbs/acre)	K (lbs/acre)	Salt (lbs/acre)	Amount
CCID Canal	Surface water	1.16	0.00	0.00	90.33	12,905,626.00 *gal*
Application event totals		1.16	0.00	0.00	90.33	

Annual Report - General Order No. R5-2007-0035
Reporting period 01/01/2023 to 12/31/2023.

9 - 06/08/2023: Corn, silage

Application date	Application method	Precipitation 24 hours prior	Precipitation during application	Precipitation 24 hours following
09/01/2023	Surface (irrigation)	No precipitation	No precipitation	No precipitation

Source description	Material type	N (lbs/acre)	P (lbs/acre)	K (lbs/acre)	Salt (lbs/acre)	Amount
CCID Canal	Surface water	1.24	0.00	0.00	97.02	13,861,210.00 *gal*
Application event totals		1.24	0.00	0.00	97.02	

Annual Report - General Order No. R5-2007-0035
Reporting period 01/01/2023 to 12/31/2023.

B. NUTRIENT BUDGET

1 - 10/31/2022: Wheat, silage, soft dough

Field name: 1 Crop: Wheat, silage, soft dough Plant date: 10/31/2022

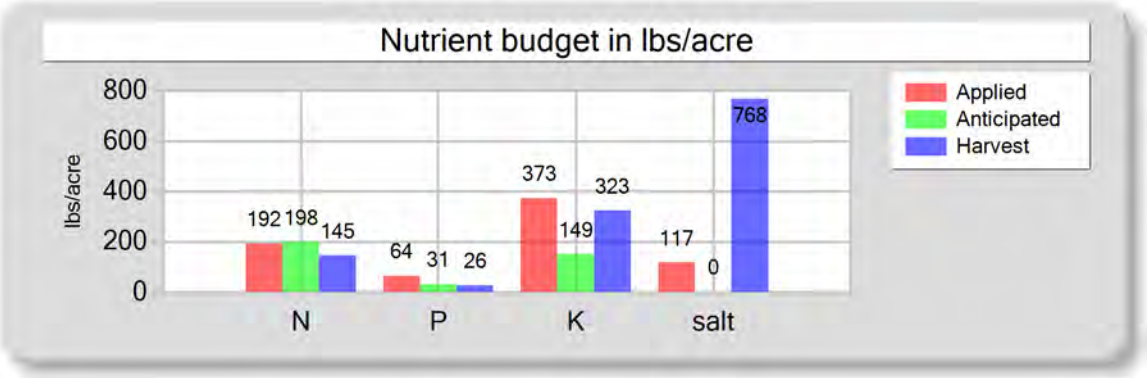

	Total N (lbs/acre)	Total P (lbs/acre)	Total K (lbs/acre)	Total salt (lbs/acre)
Existing soil nutrient content	0.00	0.00	0.00	0.00
Plowdown credit	0.00	0.00	0.00	0.00
Commercial fertilizer / Other	0.00	0.00	0.00	0.00
Dry manure	183.60	64.37	373.06	0.00
Process wastewater	0.00	0.00	0.00	0.00
Fresh water	1.49	0.00	0.00	116.51
Atmospheric deposition	7.00	0.00	0.00	0.00
Total nutrients applied	192.10	64.37	373.06	116.51
Anticipated crop nutrient removal	198.00	30.60	149.40	0.00
Actual crop nutrient removal	144.52	26.35	323.05	767.68
Nutrient balance	47.57	38.02	50.01	-651.17
Applied to removed ratio	1.33	2.44	1.15	0.15

Fresh water applied	
11,634,739.00	*gallons*
428.47	*acre-inches*
6.59	*inches/acre*

Process wastewater applied	
0.00	*gallons*
0.00	*acre-inches*
0.00	*inches/acre*

Total harvests for the crop	
1	*harvests*

Annual Report - General Order No. R5-2007-0035
Reporting period 01/01/2023 to 12/31/2023.

1 - 06/01/2023: Corn, silage

Field name: 1 Crop: Corn, silage Plant date: 06/01/2023

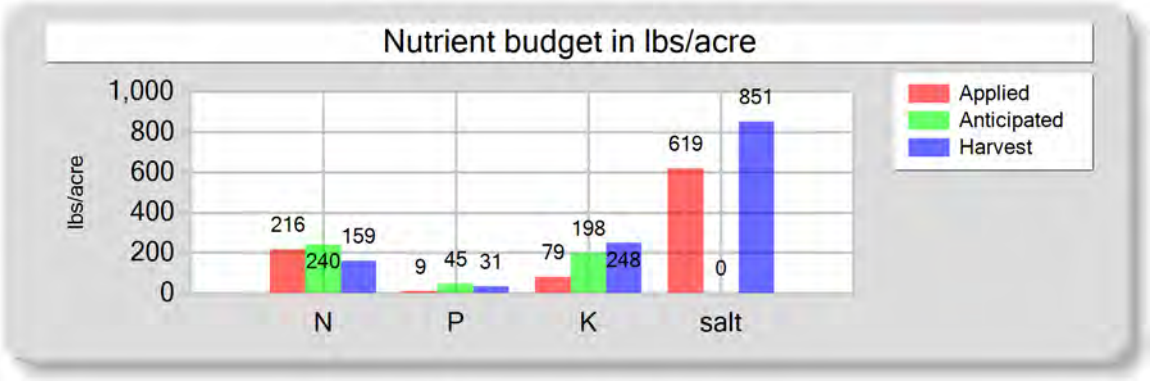

	Total N (lbs/acre)	Total P (lbs/acre)	Total K (lbs/acre)	Total salt (lbs/acre)
Existing soil nutrient content	0.00	0.00	0.00	0.00
Plowdown credit	0.00	0.00	0.00	0.00
Commercial fertilizer / Other	50.00	0.00	0.00	0.00
Dry manure	151.18	8.69	79.35	0.00
Process wastewater	0.00	0.00	0.00	0.00
Fresh water	7.94	0.00	0.00	619.10
Atmospheric deposition	7.00	0.00	0.00	0.00
Total nutrients applied	216.12	8.69	79.35	619.10
Anticipated crop nutrient removal	240.00	45.00	198.00	0.00
Actual crop nutrient removal	158.67	31.24	247.92	851.25
Nutrient balance	57.45	-22.55	-168.56	-232.15
Applied to removed ratio	1.36	0.28	0.32	0.73

Fresh water applied
61,823,462.00 *gallons*
2,276.75 *acre-inches*
35.03 *inches/acre*

Process wastewater applied
0.00 *gallons*
0.00 *acre-inches*
0.00 *inches/acre*

Total harvests for the crop
1 *harvests*

Annual Report - General Order No. R5-2007-0035
Reporting period 01/01/2023 to 12/31/2023.

10 - 11/06/2022: Wheat, silage, soft dough

Field name: 10 Crop: Wheat, silage, soft dough Plant date: 11/06/2022

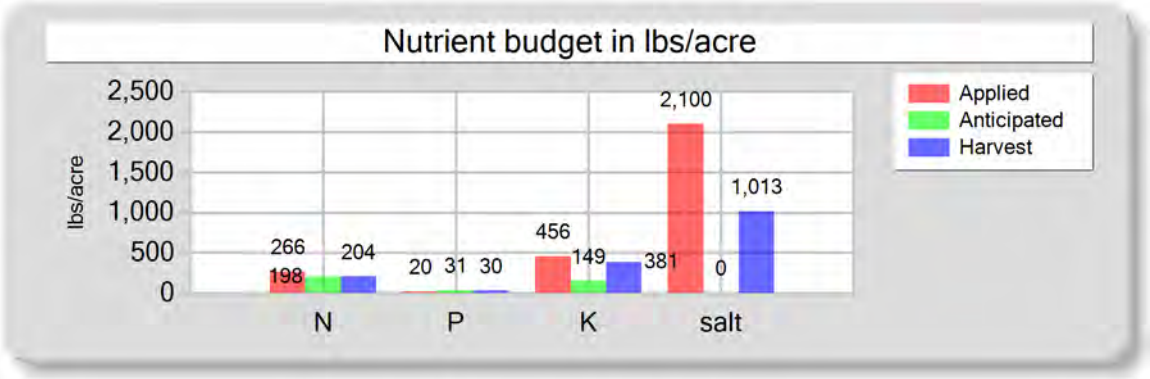

	Total N (lbs/acre)	Total P (lbs/acre)	Total K (lbs/acre)	Total salt (lbs/acre)
Existing soil nutrient content	0.00	0.00	0.00	0.00
Plowdown credit	0.00	0.00	0.00	0.00
Commercial fertilizer / Other	0.00	0.00	0.00	0.00
Dry manure	0.00	0.00	0.00	0.00
Process wastewater	257.29	19.59	456.21	1,954.55
Fresh water	1.87	0.00	0.00	145.61
Atmospheric deposition	7.00	0.00	0.00	0.00
Total nutrients applied	266.16	19.59	456.21	2,100.16
Anticipated crop nutrient removal	198.00	30.60	149.40	0.00
Actual crop nutrient removal	204.36	29.52	380.51	1,013.21
Nutrient balance	61.80	-9.93	75.69	1,086.95
Applied to removed ratio	1.30	0.66	1.20	2.07

Fresh water applied	
4,921,459.00	*gallons*
181.24	*acre-inches*
8.24	*inches/acre*

Process wastewater applied	
570,000.00	*gallons*
20.99	*acre-inches*
0.95	*inches/acre*

Total harvests for the crop	
1	*harvests*

Annual Report - General Order No. R5-2007-0035
Reporting period 01/01/2023 to 12/31/2023.

10 - 06/07/2023: Corn, silage

Field name: 10 Crop: Corn, silage Plant date: 06/07/2023

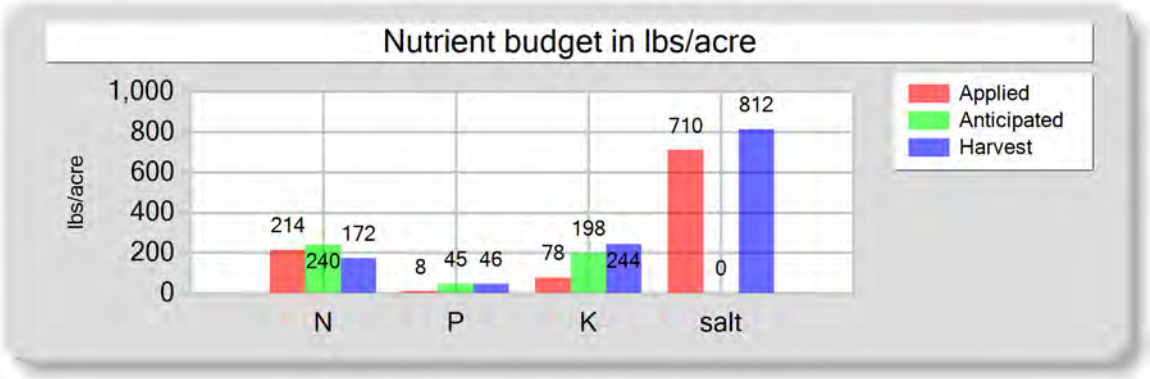

	Total N (lbs/acre)	Total P (lbs/acre)	Total K (lbs/acre)	Total salt (lbs/acre)
Existing soil nutrient content	0.00	0.00	0.00	0.00
Plowdown credit	0.00	0.00	0.00	0.00
Commercial fertilizer / Other	50.00	0.00	0.00	0.00
Dry manure	147.70	8.49	77.53	0.00
Process wastewater	0.00	0.00	0.00	0.00
Fresh water	9.10	0.00	0.00	709.70
Atmospheric deposition	7.00	0.00	0.00	0.00
Total nutrients applied	213.80	8.49	77.53	709.70
Anticipated crop nutrient removal	240.00	45.00	198.00	0.00
Actual crop nutrient removal	172.25	45.96	243.74	812.48
Nutrient balance	41.55	-37.47	-166.22	-102.77
Applied to removed ratio	1.24	0.18	0.32	0.87

Fresh water applied	
23,987,174.00	*gallons*
883.37	*acre-inches*
40.15	*inches/acre*

Process wastewater applied	
0.00	*gallons*
0.00	*acre-inches*
0.00	*inches/acre*

Total harvests for the crop	
1	*harvests*

Annual Report - General Order No. R5-2007-0035
Reporting period 01/01/2023 to 12/31/2023.

11 - 11/06/2022: Wheat, silage, soft dough

Field name: 11 Crop: Wheat, silage, soft dough Plant date: 11/06/2022

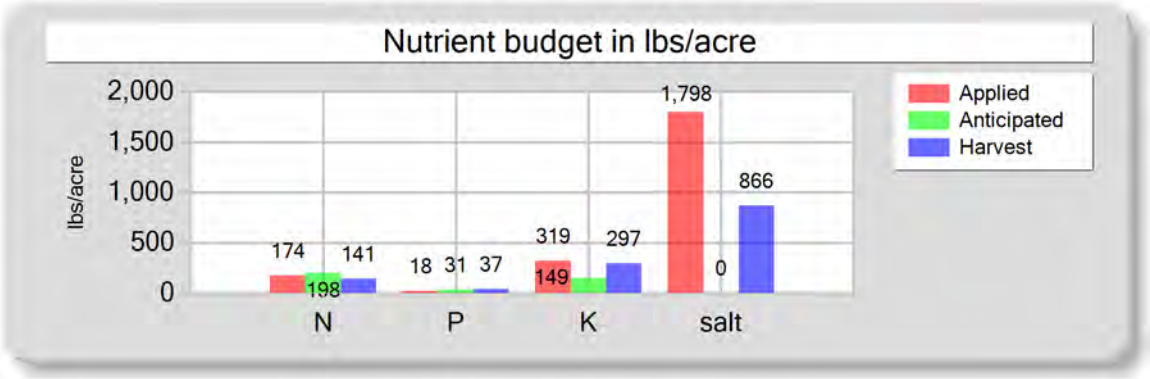

	Total N (lbs/acre)	Total P (lbs/acre)	Total K (lbs/acre)	Total salt (lbs/acre)
Existing soil nutrient content	0.00	0.00	0.00	0.00
Plowdown credit	0.00	0.00	0.00	0.00
Commercial fertilizer / Other	0.00	0.00	0.00	0.00
Dry manure	0.00	0.00	0.00	0.00
Process wastewater	165.54	17.93	319.02	1,676.13
Fresh water	1.56	0.00	0.00	121.60
Atmospheric deposition	7.00	0.00	0.00	0.00
Total nutrients applied	174.10	17.93	319.02	1,797.72
Anticipated crop nutrient removal	198.00	30.60	149.40	0.00
Actual crop nutrient removal	140.85	36.80	296.52	866.37
Nutrient balance	33.25	-18.87	22.49	931.36
Applied to removed ratio	1.24	0.49	1.08	2.08

Fresh water applied	
5,604,286.00	*gallons*
206.39	*acre-inches*
6.88	*inches/acre*

Process wastewater applied	
619,920.00	*gallons*
22.83	*acre-inches*
0.76	*inches/acre*

Total harvests for the crop	
1	*harvests*

Annual Report - General Order No. R5-2007-0035
Reporting period 01/01/2023 to 12/31/2023.

11 - 06/09/2023: Corn, silage

Field name: 11 Crop: Corn, silage Plant date: 06/09/2023

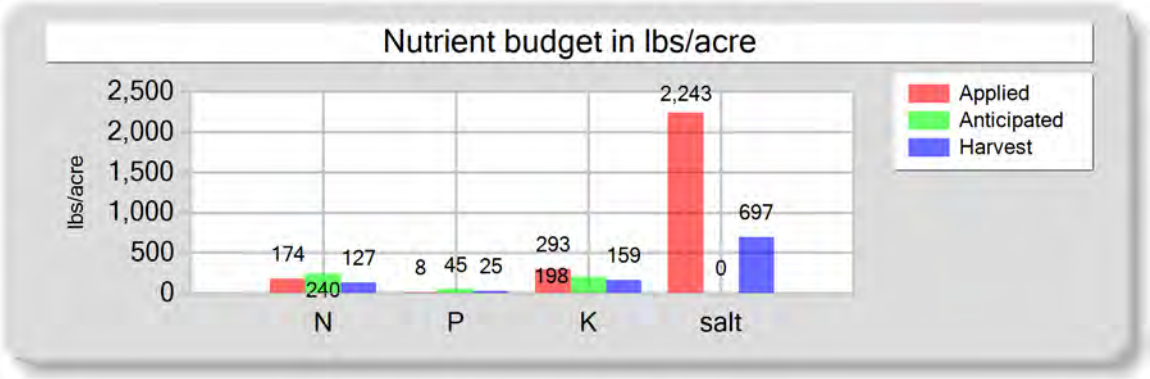

	Total N (lbs/acre)	Total P (lbs/acre)	Total K (lbs/acre)	Total salt (lbs/acre)
Existing soil nutrient content	0.00	0.00	0.00	0.00
Plowdown credit	0.00	0.00	0.00	0.00
Commercial fertilizer / Other	50.00	0.00	0.00	0.00
Dry manure	0.00	0.00	0.00	0.00
Process wastewater	107.31	7.63	293.21	1,490.08
Fresh water	9.65	0.00	0.00	753.05
Atmospheric deposition	7.00	0.00	0.00	0.00
Total nutrients applied	173.96	7.63	293.21	2,243.13
Anticipated crop nutrient removal	240.00	45.00	198.00	0.00
Actual crop nutrient removal	127.13	24.53	159.26	697.08
Nutrient balance	46.83	-16.90	133.95	1,546.05
Applied to removed ratio	1.37	0.31	1.84	3.22

Fresh water applied	
34,707,456.00	*gallons*
1,278.16	*acre-inches*
42.61	*inches/acre*

Process wastewater applied	
432,000.00	*gallons*
15.91	*acre-inches*
0.53	*inches/acre*

Total harvests for the crop	
1	*harvests*

Annual Report - General Order No. R5-2007-0035
Reporting period 01/01/2023 to 12/31/2023.

12 - 10/25/2019: Jose Wheat Grass Hay

Field name: 12 Crop: Jose Wheat Grass Hay Plant date: 10/25/2019

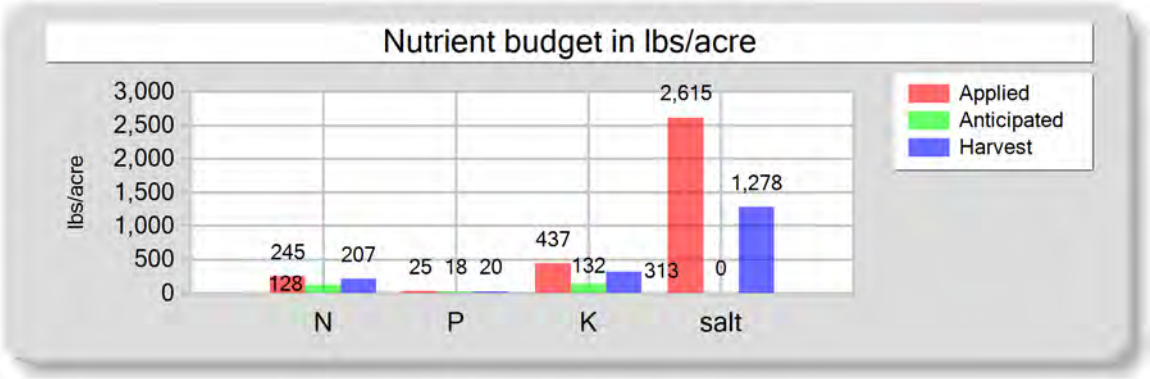

	Total N (lbs/acre)	Total P (lbs/acre)	Total K (lbs/acre)	Total salt (lbs/acre)
Existing soil nutrient content	0.00	0.00	0.00	0.00
Plowdown credit	0.00	0.00	0.00	0.00
Commercial fertilizer / Other	0.00	0.00	0.00	0.00
Dry manure	0.00	0.00	0.00	0.00
Process wastewater	226.54	24.54	436.56	2,293.72
Fresh water	4.11	0.00	0.00	320.85
Atmospheric deposition	14.00	0.00	0.00	0.00
Total nutrients applied	244.65	24.54	436.56	2,614.58
Anticipated crop nutrient removal	128.00	17.60	132.00	0.00
Actual crop nutrient removal	207.08	19.62	313.34	1,278.43
Nutrient balance	37.58	4.92	123.22	1,336.15
Applied to removed ratio	1.18	1.25	1.39	2.05

Fresh water applied	
19,717,287.00	*gallons*
726.12	*acre-inches*
18.15	*inches/acre*

Process wastewater applied	
1,131,120.00	*gallons*
41.66	*acre-inches*
1.04	*inches/acre*

Total harvests for the crop	
1	*harvests*

Annual Report - General Order No. R5-2007-0035
Reporting period 01/01/2023 to 12/31/2023.

2 - 10/13/2021: Alfalfa, hay

Field name: 2 Crop: Alfalfa, hay Plant date: 10/13/2021

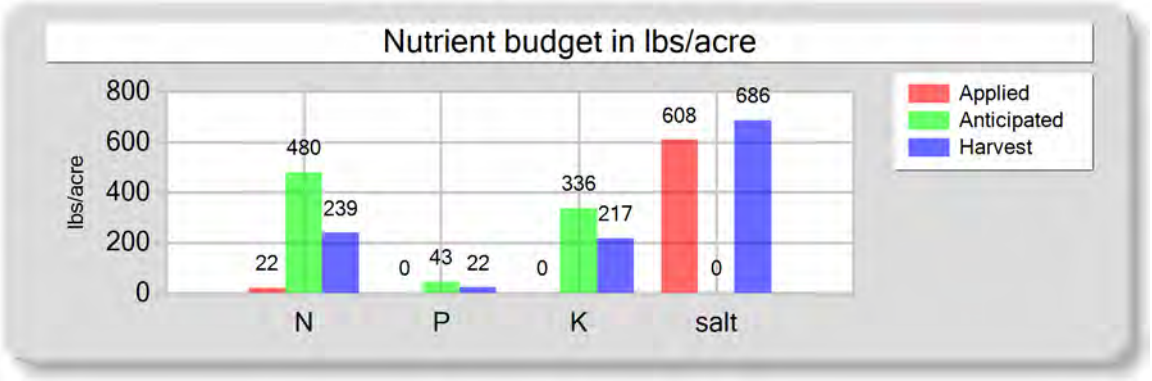

	Total N (lbs/acre)	Total P (lbs/acre)	Total K (lbs/acre)	Total salt (lbs/acre)
Existing soil nutrient content	0.00	0.00	0.00	0.00
Plowdown credit	0.00	0.00	0.00	0.00
Commercial fertilizer / Other	0.00	0.00	0.00	0.00
Dry manure	0.00	0.00	0.00	0.00
Process wastewater	0.00	0.00	0.00	0.00
Fresh water	7.80	0.00	0.00	608.40
Atmospheric deposition	14.00	0.00	0.00	0.00
Total nutrients applied	21.80	0.00	0.00	608.40
Anticipated crop nutrient removal	480.00	43.20	336.00	0.00
Actual crop nutrient removal	238.60	22.23	217.43	686.21
Nutrient balance	-216.80	-22.23	-217.43	-77.80
Applied to removed ratio	0.09	0.00	0.00	0.89

Fresh water applied	
67,298,112.00	*gallons*
2,478.36	*acre-inches*
34.42	*inches/acre*

Process wastewater applied	
0.00	*gallons*
0.00	*acre-inches*
0.00	*inches/acre*

Total harvests for the crop	
1	*harvests*

Annual Report - General Order No. R5-2007-0035
Reporting period 01/01/2023 to 12/31/2023.

4 - 11/06/2022: Wheat, silage, soft dough

Field name: 4 Crop: Wheat, silage, soft dough Plant date: 11/06/2022

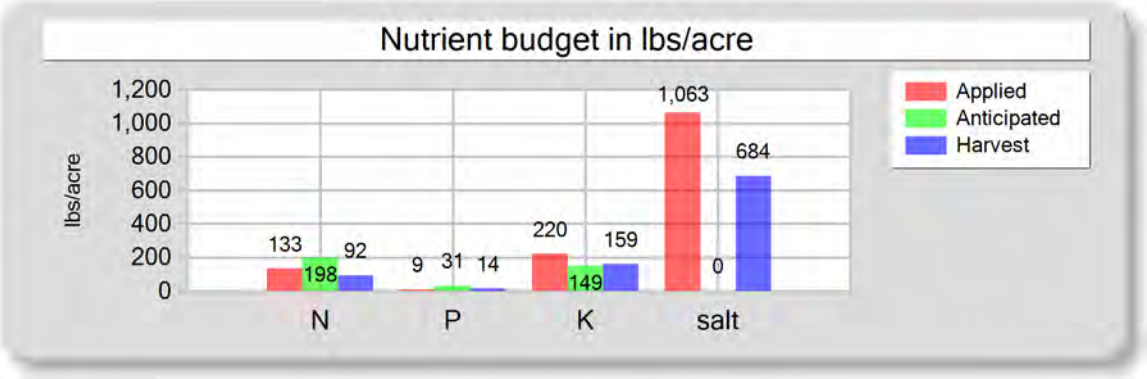

	Total N (lbs/acre)	Total P (lbs/acre)	Total K (lbs/acre)	Total salt (lbs/acre)
Existing soil nutrient content	0.00	0.00	0.00	0.00
Plowdown credit	0.00	0.00	0.00	0.00
Commercial fertilizer / Other	0.00	0.00	0.00	0.00
Dry manure	0.00	0.00	0.00	0.00
Process wastewater	124.13	9.45	220.10	942.99
Fresh water	1.54	0.00	0.00	120.20
Atmospheric deposition	7.00	0.00	0.00	0.00
Total nutrients applied	132.67	9.45	220.10	1,063.19
Anticipated crop nutrient removal	198.00	30.60	149.40	0.00
Actual crop nutrient removal	91.62	13.93	159.39	684.20
Nutrient balance	41.05	-4.48	60.71	378.98
Applied to removed ratio	1.45	0.68	1.38	1.55

Fresh water applied	
2,215,987.00	*gallons*
81.61	*acre-inches*
6.80	*inches/acre*

Process wastewater applied	
150,000.00	*gallons*
5.52	*acre-inches*
0.46	*inches/acre*

Total harvests for the crop	
1	*harvests*

Annual Report - General Order No. R5-2007-0035
Reporting period 01/01/2023 to 12/31/2023.

4 - 06/09/2023: Corn, silage

Field name: 4 Crop: Corn, silage Plant date: 06/09/2023

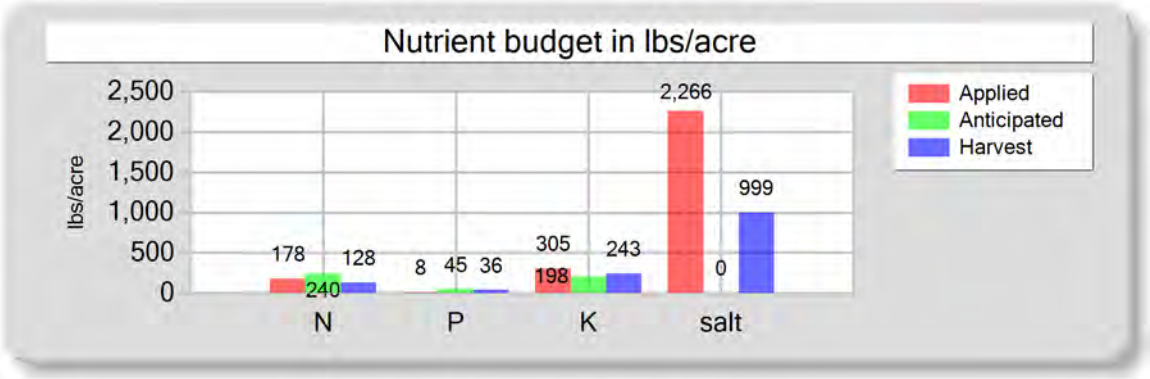

	Total N (lbs/acre)	Total P (lbs/acre)	Total K (lbs/acre)	Total salt (lbs/acre)
Existing soil nutrient content	0.00	0.00	0.00	0.00
Plowdown credit	0.00	0.00	0.00	0.00
Commercial fertilizer / Other	50.00	0.00	0.00	0.00
Dry manure	0.00	0.00	0.00	0.00
Process wastewater	111.78	7.95	305.43	1,552.17
Fresh water	9.16	0.00	0.00	714.21
Atmospheric deposition	7.00	0.00	0.00	0.00
Total nutrients applied	177.94	7.95	305.43	2,266.38
Anticipated crop nutrient removal	240.00	45.00	198.00	0.00
Actual crop nutrient removal	128.21	36.43	243.18	999.22
Nutrient balance	49.72	-28.48	62.25	1,267.15
Applied to removed ratio	1.39	0.22	1.26	2.27

Fresh water applied	
13,166,899.00	*gallons*
484.89	*acre-inches*
40.41	*inches/acre*

Process wastewater applied	
180,000.00	*gallons*
6.63	*acre-inches*
0.55	*inches/acre*

Total harvests for the crop	
1	*harvests*

Annual Report - General Order No. R5-2007-0035
Reporting period 01/01/2023 to 12/31/2023.

5 - 11/05/2022: Wheat, silage, soft dough

Field name: 5 Crop: Wheat, silage, soft dough Plant date: 11/05/2022

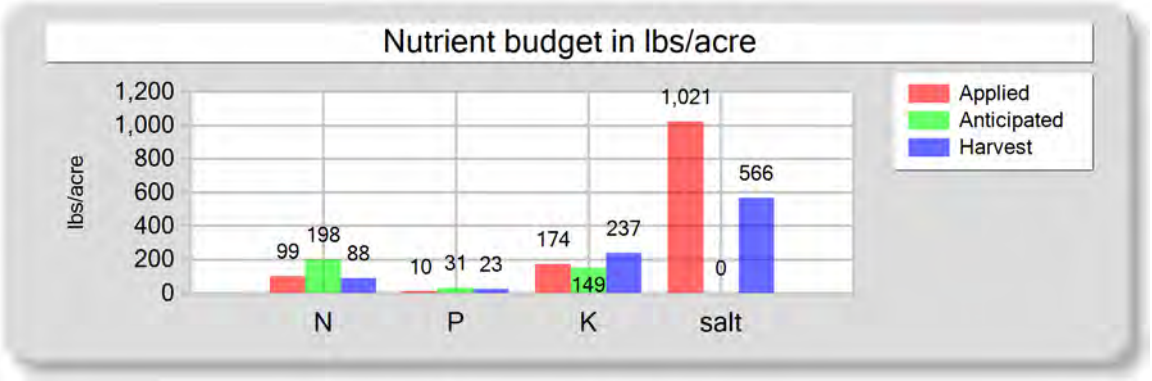

	Total N (lbs/acre)	Total P (lbs/acre)	Total K (lbs/acre)	Total salt (lbs/acre)
Existing soil nutrient content	0.00	0.00	0.00	0.00
Plowdown credit	0.00	0.00	0.00	0.00
Commercial fertilizer / Other	0.00	0.00	0.00	0.00
Dry manure	0.00	0.00	0.00	0.00
Process wastewater	90.31	9.78	174.03	914.35
Fresh water	1.37	0.00	0.00	106.86
Atmospheric deposition	7.00	0.00	0.00	0.00
Total nutrients applied	98.68	9.78	174.03	1,021.21
Anticipated crop nutrient removal	198.00	30.60	149.40	0.00
Actual crop nutrient removal	87.51	22.54	237.44	566.45
Nutrient balance	11.17	-12.76	-63.42	454.76
Applied to removed ratio	1.13	0.43	0.73	1.80

Fresh water applied	
13,133,837.00	*gallons*
483.67	*acre-inches*
6.05	*inches/acre*

Process wastewater applied	
901,800.00	*gallons*
33.21	*acre-inches*
0.42	*inches/acre*

Total harvests for the crop	
1	*harvests*

Annual Report - General Order No. R5-2007-0035
Reporting period 01/01/2023 to 12/31/2023.

5 - 06/10/2023: Corn, silage

Field name: 5 Crop: Corn, silage Plant date: 06/10/2023

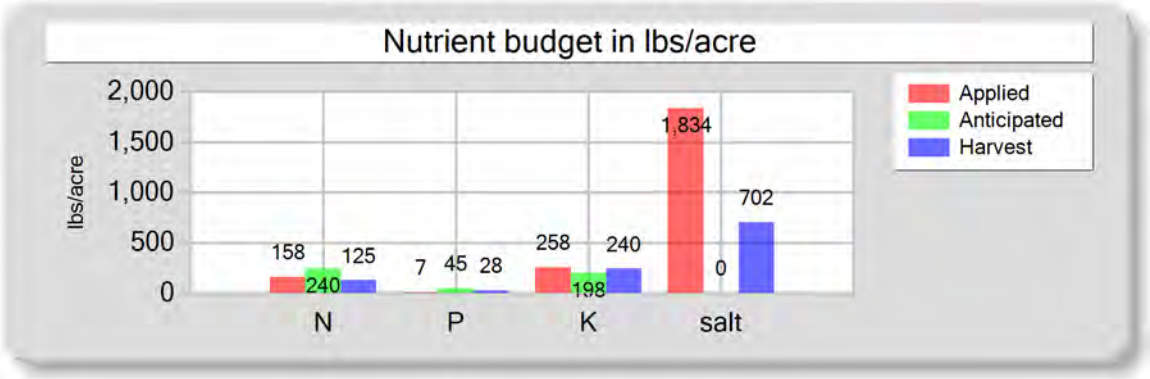

	Total N (lbs/acre)	Total P (lbs/acre)	Total K (lbs/acre)	Total salt (lbs/acre)
Existing soil nutrient content	0.00	0.00	0.00	0.00
Plowdown credit	0.00	0.00	0.00	0.00
Commercial fertilizer / Other	50.00	0.00	0.00	0.00
Dry manure	0.00	0.00	0.00	0.00
Process wastewater	94.30	6.71	257.66	1,309.41
Fresh water	6.73	0.00	0.00	525.03
Atmospheric deposition	7.00	0.00	0.00	0.00
Total nutrients applied	158.03	6.71	257.66	1,834.44
Anticipated crop nutrient removal	240.00	45.00	198.00	0.00
Actual crop nutrient removal	124.99	27.66	239.92	702.08
Nutrient balance	33.04	-20.95	17.74	1,132.35
Applied to removed ratio	1.26	0.24	1.07	2.61

Fresh water applied	
64,528,127.00	*gallons*
2,376.35	*acre-inches*
29.70	*inches/acre*

Process wastewater applied	
1,012,320.00	*gallons*
37.28	*acre-inches*
0.47	*inches/acre*

Total harvests for the crop	
1	*harvests*

Annual Report - General Order No. R5-2007-0035
Reporting period 01/01/2023 to 12/31/2023.

6 - 10/20/2020: Alfalfa, hay

Field name: 6 Crop: Alfalfa, hay Plant date: 10/20/2020

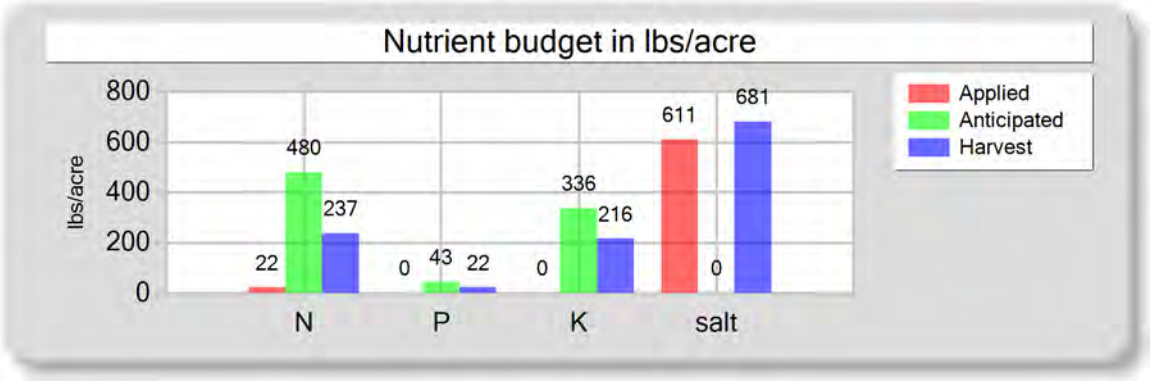

	Total N (lbs/acre)	Total P (lbs/acre)	Total K (lbs/acre)	Total salt (lbs/acre)
Existing soil nutrient content	0.00	0.00	0.00	0.00
Plowdown credit	0.00	0.00	0.00	0.00
Commercial fertilizer / Other	0.00	0.00	0.00	0.00
Dry manure	0.00	0.00	0.00	0.00
Process wastewater	0.00	0.00	0.00	0.00
Fresh water	7.83	0.00	0.00	610.58
Atmospheric deposition	14.00	0.00	0.00	0.00
Total nutrients applied	21.83	0.00	0.00	610.58
Anticipated crop nutrient removal	480.00	43.20	336.00	0.00
Actual crop nutrient removal	236.64	22.05	215.64	680.58
Nutrient balance	-214.81	-22.05	-215.64	-70.00
Applied to removed ratio	0.09	0.00	0.00	0.90

Fresh water applied	
43,149,657.00	*gallons*
1,589.06	*acre-inches*
34.54	*inches/acre*

Process wastewater applied	
0.00	*gallons*
0.00	*acre-inches*
0.00	*inches/acre*

Total harvests for the crop	
1	*harvests*

Annual Report - General Order No. R5-2007-0035
Reporting period 01/01/2023 to 12/31/2023.

7 - 10/25/2022: Alfalfa, hay

Field name: 7 Crop: Alfalfa, hay Plant date: 10/25/2022

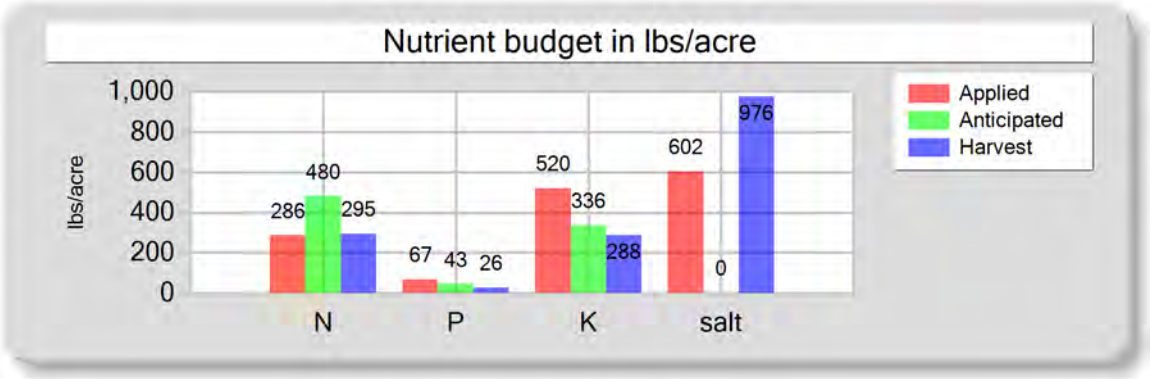

	Total N (lbs/acre)	Total P (lbs/acre)	Total K (lbs/acre)	Total salt (lbs/acre)
Existing soil nutrient content	0.00	0.00	0.00	0.00
Plowdown credit	0.00	0.00	0.00	0.00
Commercial fertilizer / Other	0.00	0.00	0.00	0.00
Dry manure	263.95	67.26	520.29	0.00
Process wastewater	0.00	0.00	0.00	0.00
Fresh water	7.71	0.00	0.00	601.71
Atmospheric deposition	14.00	0.00	0.00	0.00
Total nutrients applied	285.67	67.26	520.29	601.71
Anticipated crop nutrient removal	480.00	43.20	336.00	0.00
Actual crop nutrient removal	294.65	25.61	287.73	976.44
Nutrient balance	-8.99	41.65	232.56	-374.73
Applied to removed ratio	0.97	2.63	1.81	0.62

Fresh water applied	
50,842,713.00	*gallons*
1,872.36	*acre-inches*
34.04	*inches/acre*

Process wastewater applied	
0.00	*gallons*
0.00	*acre-inches*
0.00	*inches/acre*

Total harvests for the crop	
1	*harvests*

Annual Report - General Order No. R5-2007-0035
Reporting period 01/01/2023 to 12/31/2023.

9 - 11/12/2022: Wheat, silage, soft dough

Field name: 9 Crop: Wheat, silage, soft dough Plant date: 11/12/2022

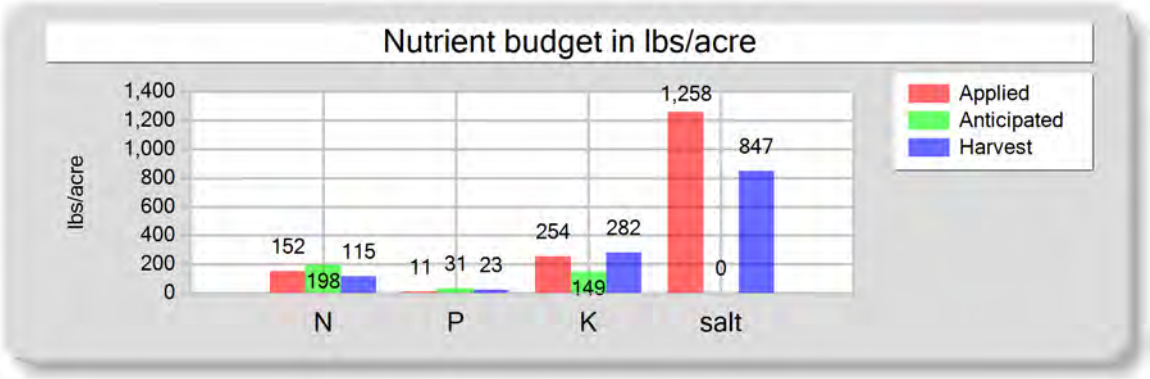

	Total N (lbs/acre)	Total P (lbs/acre)	Total K (lbs/acre)	Total salt (lbs/acre)
Existing soil nutrient content	0.00	0.00	0.00	0.00
Plowdown credit	0.00	0.00	0.00	0.00
Commercial fertilizer / Other	0.00	0.00	0.00	0.00
Dry manure	0.00	0.00	0.00	0.00
Process wastewater	143.09	10.89	253.71	1,086.97
Fresh water	2.19	0.00	0.00	171.17
Atmospheric deposition	7.00	0.00	0.00	0.00
Total nutrients applied	152.28	10.89	253.71	1,258.13
Anticipated crop nutrient removal	198.00	30.60	149.40	0.00
Actual crop nutrient removal	115.04	22.95	282.38	846.97
Nutrient balance	37.24	-12.06	-28.68	411.16
Applied to removed ratio	1.32	0.47	0.90	1.49

Fresh water applied	
24,455,693.00	*gallons*
900.62	*acre-inches*
9.68	*inches/acre*

Process wastewater applied	
1,340,000.00	*gallons*
49.35	*acre-inches*
0.53	*inches/acre*

Total harvests for the crop	
1	*harvests*

Annual Report - General Order No. R5-2007-0035
Reporting period 01/01/2023 to 12/31/2023.

9 - 06/08/2023: Corn, silage

Field name: 9 Crop: Corn, silage Plant date: 06/08/2023

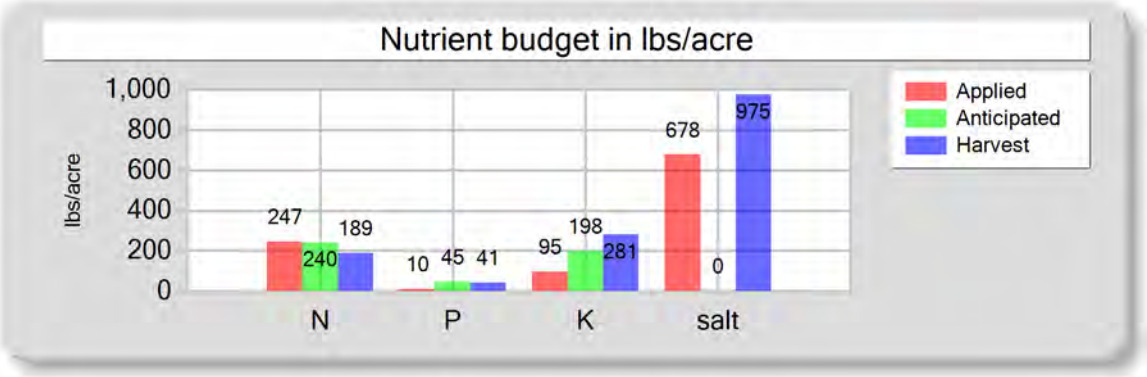

	Total N (lbs/acre)	Total P (lbs/acre)	Total K (lbs/acre)	Total salt (lbs/acre)
Existing soil nutrient content	0.00	0.00	0.00	0.00
Plowdown credit	0.00	0.00	0.00	0.00
Commercial fertilizer / Other	50.00	0.00	0.00	0.00
Dry manure	181.46	10.43	95.25	0.00
Process wastewater	0.00	0.00	0.00	0.00
Fresh water	8.69	0.00	0.00	678.06
Atmospheric deposition	7.00	0.00	0.00	0.00
Total nutrients applied	247.15	10.43	95.25	678.06
Anticipated crop nutrient removal	240.00	45.00	198.00	0.00
Actual crop nutrient removal	189.38	40.85	280.63	974.50
Nutrient balance	57.77	-30.42	-185.38	-296.44
Applied to removed ratio	1.31	0.26	0.34	0.70

Fresh water applied
96,879,285.00 *gallons*
3,567.73 *acre-inches*
38.36 *inches/acre*

Process wastewater applied
0.00 *gallons*
0.00 *acre-inches*
0.00 *inches/acre*

Total harvests for the crop
1 *harvests*

Annual Report - General Order No. R5-2007-0035
Reporting period 01/01/2023 to 12/31/2023.

NUTRIENT ANALYSES

A. MANURE ANALYSES

F7-55A Heifer Manure

Sample and source description: F7-55A Heifer Manure
Sample date: 06/01/2022 Material type: Corral solids Source of analysis: Lab analysis Method of reporting: Dry-weight
Moisture: 42.2 %

	Total N (mg/kg)	Total P (mg/kg)	Total K (mg/kg)	Calcium (mg/kg)	Magnesium (mg/kg)	Sodium (mg/kg)	Sulfur (mg/kg)	Chloride (mg/kg)	Total salt (mg/kg)	TFS (%)
Value	17,900.00	6,390.00	27,300.00							
DL	100.00	100.00	100.00							

Corral Solids (755A)

Sample and source description: Corral Solids (755A)
Sample date: 08/10/2022 Material type: Corral solids Source of analysis: Lab analysis Method of reporting: Dry-weight
Moisture: 41.3 %

	Total N (mg/kg)	Total P (mg/kg)	Total K (mg/kg)	Calcium (mg/kg)	Magnesium (mg/kg)	Sodium (mg/kg)	Sulfur (mg/kg)	Chloride (mg/kg)	Total salt (mg/kg)	TFS (%)
Value	25,100.00	8,800.00	51,000.00							
DL	100.00	100.00	100.00							

Seperator Solids (F775 A)

Sample and source description: Seperator Solids (F775 A)
Sample date: 10/03/2022 Material type: Separator solids Source of analysis: Lab analysis Method of reporting: Dry-weight
Moisture: 29.5 %

	Total N (mg/kg)	Total P (mg/kg)	Total K (mg/kg)	Calcium (mg/kg)	Magnesium (mg/kg)	Sodium (mg/kg)	Sulfur (mg/kg)	Chloride (mg/kg)	Total salt (mg/kg)	TFS (%)
Value	20,800.00	5,300.00	41,000.00							
DL	100.00	100.00	100.00							

Annual Report - General Order No. R5-2007-0035
Reporting period 01/01/2023 to 12/31/2023.

Separator Manure on F165A

Sample and source description: Separator Manure on F165A
Sample date: 04/26/2023 Material type: Separator solids Source of analysis: Lab analysis Method of reporting: Dry-weight
Moisture: 74.9 %

	Total N (mg/kg)	Total P (mg/kg)	Total K (mg/kg)	Calcium (mg/kg)	Magnesium (mg/kg)	Sodium (mg/kg)	Sulfur (mg/kg)	Chloride (mg/kg)	Total salt (mg/kg)	TFS (%)
Value	26,100.00	1,500.00	13,700.00							
DL	100.00	100.00	100.00							

Milk Cow Manure Spread on F646A

Sample and source description: Milk Cow Manure Spread on F646A
Sample date: 09/16/2023 Material type: Corral solids Source of analysis: Lab analysis Method of reporting: Dry-weight
Moisture: 56.3 %

	Total N (mg/kg)	Total P (mg/kg)	Total K (mg/kg)	Calcium (mg/kg)	Magnesium (mg/kg)	Sodium (mg/kg)	Sulfur (mg/kg)	Chloride (mg/kg)	Total salt (mg/kg)	TFS (%)
Value	21,800.00	8,360.00	54,800.00							
DL	100.00	100.00	100.00							

Dry Cow Manure Spread on F165A

Sample and source description: Dry Cow Manure Spread on F165A
Sample date: 10/02/2023 Material type: Corral solids Source of analysis: Lab analysis Method of reporting: Dry-weight
Moisture: 33.7 %

	Total N (mg/kg)	Total P (mg/kg)	Total K (mg/kg)	Calcium (mg/kg)	Magnesium (mg/kg)	Sodium (mg/kg)	Sulfur (mg/kg)	Chloride (mg/kg)	Total salt (mg/kg)	TFS (%)
Value	13,600.00	2,250.00	7,980.00							
DL	100.00	100.00	100.00							

B. PROCESS WASTEWATER ANALYSES

Annual Report - General Order No. R5-2007-0035
Reporting period 01/01/2023 to 12/31/2023.

WW 3rd/4thQ

Sample and source description: WW 3rd/4thQ

Sample date: 10/22/2022 Material type: Process wastewater sludge Source of analysis: Lab analysis pH:

	Kjeldahl-N (mg/L)	NH4-N (mg/L)	NH3-N (mg/L)	Nitrate-N (mg/L)	Total P (mg/L)	Total K (mg/L)	Calcium (mg/L)	Magnes. (mg/L)	Sodium (mg/L)	Bicarb. (mg/L)	Carb. (mg/L)	Sulfate (mg/L)	Chloride (mg/L)	EC (µmhos/cm)	TDS (mg/L)
Value	1,190.00	407.00	0.00	0.00	90.60	2,110.00								15,200.00	9,040
DL	1.00	0.50	0.50	0.10	0.10	0.50								10.00	10

Lagoon 1st QTR

Sample and source description: Lagoon 1st QTR

Sample date: 02/09/2023 Material type: Process wastewater Source of analysis: Lab analysis pH:

	Kjeldahl-N (mg/L)	NH4-N (mg/L)	NH3-N (mg/L)	Nitrate-N (mg/L)	Total P (mg/L)	Total K (mg/L)	Calcium (mg/L)	Magnes. (mg/L)	Sodium (mg/L)	Bicarb. (mg/L)	Carb. (mg/L)	Sulfate (mg/L)	Chloride (mg/L)	EC (µmhos/cm)	TDS (mg/L)
Value	960.00	482.00	0.00	0.00	104.00	1,850.00								13,600.00	9,720
DL	1.00	0.50	0.50	0.10	0.10	0.50								10.00	10

Lagoon on F580A

Sample and source description: Lagoon on F580A

Sample date: 07/26/2023 Material type: Process wastewater Source of analysis: Lab analysis pH:

	Kjeldahl-N (mg/L)	NH4-N (mg/L)	NH3-N (mg/L)	Nitrate-N (mg/L)	Total P (mg/L)	Total K (mg/L)	Calcium (mg/L)	Magnes. (mg/L)	Sodium (mg/L)	Bicarb. (mg/L)	Carb. (mg/L)	Sulfate (mg/L)	Chloride (mg/L)	EC (µmhos/cm)	TDS (mg/L)
Value	893.00	434.00	0.00	0.00	63.50	2,440.00								16,200.00	12,400
DL	1.00	0.50	0.50	0.10	0.10	0.50								10.00	10

Lagoon (slurry)

Sample and source description: Lagoon (slurry)

Sample date: 11/02/2023 Material type: Process wastewater sludge Source of analysis: Lab analysis pH:

	Kjeldahl-N (mg/L)	NH4-N (mg/L)	NH3-N (mg/L)	Nitrate-N (mg/L)	Total P (mg/L)	Total K (mg/L)	Calcium (mg/L)	Magnes. (mg/L)	Sodium (mg/L)	Bicarb. (mg/L)	Carb. (mg/L)	Sulfate (mg/L)	Chloride (mg/L)	EC (µmhos/cm)	TDS (mg/L)
Value	1,810.00	624.00	0.00	0.00	192.00	1,580.00								13,000.00	9,000
DL	0.50	0.50	0.50	0.50	0.50	0.50								10.00	10

Annual Report - General Order No. R5-2007-0035
Reporting period 01/01/2023 to 12/31/2023.

C. FRESH WATER ANALYSES

CCID Canal

CCID

Sample description: CCID

Sample date: 05/11/2023 Source of analysis: Lab analysis

	Total N (mg/L)	NH4-N (mg/L)	Nitrate-N (mg/L)	Calcium (mg/L)	Magnesium (mg/L)	Sodium (mg/L)	Bicarbonate (mg/L)	Carbonate (mg/L)	Sulfate (mg/L)	Chloride (mg/L)	EC (µmhos/cm)	TDS (mg/L)
Value	1.00	0.00	0.00								61.00	78
DL	0.50	0.50	0.50								1.00	10

Cotton Well

Domestic Well

Sample description: Domestic Well

Sample date: 11/02/2023 Source of analysis: Lab analysis

	Total N (mg/L)	NH4-N (mg/L)	Nitrate-N (mg/L)	Calcium (mg/L)	Magnesium (mg/L)	Sodium (mg/L)	Bicarbonate (mg/L)	Carbonate (mg/L)	Sulfate (mg/L)	Chloride (mg/L)	EC (µmhos/cm)	TDS (mg/L)
Value		0.00	2.25								2,990.00	1,910
DL		0.50	0.10								10.00	10

Dairy Well #2

Domestic Well

Sample description: Domestic Well

Sample date: 11/02/2023 Source of analysis: Lab analysis

	Total N (mg/L)	NH4-N (mg/L)	Nitrate-N (mg/L)	Calcium (mg/L)	Magnesium (mg/L)	Sodium (mg/L)	Bicarbonate (mg/L)	Carbonate (mg/L)	Sulfate (mg/L)	Chloride (mg/L)	EC (µmhos/cm)	TDS (mg/L)
Value		0.00	6.60								4,010.00	2,570
DL		0.50	0.10								10.00	10

Annual Report - General Order No. R5-2007-0035
Reporting period 01/01/2023 to 12/31/2023.

Dairy Well #3

Domestic Well

Sample description: Domestic Well

Sample date: 11/02/2023 Source of analysis: Lab analysis

	Total N (mg/L)	NH4-N (mg/L)	Nitrate-N (mg/L)	Calcium (mg/L)	Magnesium (mg/L)	Sodium (mg/L)	Bicarbonate (mg/L)	Carbonate (mg/L)	Sulfate (mg/L)	Chloride (mg/L)	EC (µmhos/cm)	TDS (mg/L)
Value		0.00	12.40								4,770.00	3,050
DL		0.50	0.10								10.00	10

Foletta Well

Domestic Well

Sample description: Domestic Well

Sample date: 11/02/2023 Source of analysis: Lab analysis

	Total N (mg/L)	NH4-N (mg/L)	Nitrate-N (mg/L)	Calcium (mg/L)	Magnesium (mg/L)	Sodium (mg/L)	Bicarbonate (mg/L)	Carbonate (mg/L)	Sulfate (mg/L)	Chloride (mg/L)	EC (µmhos/cm)	TDS (mg/L)
Value		0.00	1.36								821.00	525
DL		0.50	0.10								10.00	10

Ramicotti Well

Domestic Well

Sample description: Domestic Well

Sample date: 11/02/2023 Source of analysis: Lab analysis

	Total N (mg/L)	NH4-N (mg/L)	Nitrate-N (mg/L)	Calcium (mg/L)	Magnesium (mg/L)	Sodium (mg/L)	Bicarbonate (mg/L)	Carbonate (mg/L)	Sulfate (mg/L)	Chloride (mg/L)	EC (µmhos/cm)	TDS (mg/L)
Value		0.00	7.35								3,900.00	2,500
DL		0.50	0.10								10.00	10

Ward Well

Annual Report - General Order No. R5-2007-0035
Reporting period 01/01/2023 to 12/31/2023.

Ward Well

Domestic Well

Sample description: Domestic Well

Sample date: 11/02/2023 Source of analysis: Lab analysis

	Total N (mg/L)	NH4-N (mg/L)	Nitrate-N (mg/L)	Calcium (mg/L)	Magnesium (mg/L)	Sodium (mg/L)	Bicarbonate (mg/L)	Carbonate (mg/L)	Sulfate (mg/L)	Chloride (mg/L)	EC (µmhos/cm)	TDS (mg/L)
Value		0.00	3.86								880.00	563
DL		0.50	0.10								10.00	10

D. SOIL ANALYSES

No soil analyses entered.

E. PLANT TISSUE ANALYSES

1 - 10/31/2022: Wheat, silage, soft dough

F165 A

Sample and source description: F165 A

Sample date: 04/18/2023 Source of analysis: Lab analysis Method of reporting: As-is

Moisture: 70.0 %

	Total N (mg/kg)	Total P (mg/kg)	Total K (mg/kg)	Total salt (mg/kg)	TFS (%)
Value	5,100.00	930.00	11,400.00		9.03
DL	100.00	100.00	100.00		0.01

1 - 06/01/2023: Corn, silage

Annual Report - General Order No. R5-2007-0035
Reporting period 01/01/2023 to 12/31/2023.

1 - 06/01/2023: Corn, silage

F165 A

Sample and source description: F165 A
Sample date: 09/25/2023 Source of analysis: Lab analysis Method of reporting: As-is
Moisture: 70.4 %

	Total N (mg/kg)	Total P (mg/kg)	Total K (mg/kg)	Total salt (mg/kg)	TFS (%)
Value	3,200.00	630.00	5,000.00		5.80
DL	100.00	100.00	100.00		0.01

10 - 11/06/2022: Wheat, silage, soft dough

F1022 A

Sample and source description: F1022 A
Sample date: 04/20/2023 Source of analysis: Lab analysis Method of reporting: As-is
Moisture: 73.6 %

	Total N (mg/kg)	Total P (mg/kg)	Total K (mg/kg)	Total salt (mg/kg)	TFS (%)
Value	6,230.00	900.00	11,600.00		11.70
DL	100.00	100.00	100.00		0.01

10 - 06/07/2023: Corn, silage

F1022 A

Sample and source description: F1022 A
Sample date: 09/26/2023 Source of analysis: Lab analysis Method of reporting: As-is
Moisture: 65.0 %

	Total N (mg/kg)	Total P (mg/kg)	Total K (mg/kg)	Total salt (mg/kg)	TFS (%)
Value	3,710.00	990.00	5,250.00		5.00
DL	100.00	100.00	100.00		0.01

Annual Report - General Order No. R5-2007-0035
Reporting period 01/01/2023 to 12/31/2023.

11 - 11/06/2022: Wheat, silage, soft dough

F 1130 A

Sample and source description: F 1130 A
Sample date: 04/20/2023 Source of analysis: Lab analysis Method of reporting: As-is
Moisture: 59.4 %

	Total N (mg/kg)	Total P (mg/kg)	Total K (mg/kg)	Total salt (mg/kg)	TFS (%)
Value	5,320.00	1,390.00	11,200.00		8.06
DL	100.00	100.00	100.00		0.01

11 - 06/09/2023: Corn, silage

F1130 A

Sample and source description: F1130 A
Sample date: 09/26/2023 Source of analysis: Lab analysis Method of reporting: As-is
Moisture: 64.6 %

	Total N (mg/kg)	Total P (mg/kg)	Total K (mg/kg)	Total salt (mg/kg)	TFS (%)
Value	3,680.00	710.00	4,610.00		5.70
DL	100.00	100.00	100.00		0.01

12 - 10/25/2019: Jose Wheat Grass Hay

F1240A Jose wheat grass

Sample and source description: F1240A Jose wheat grass
Sample date: 07/26/2023 Source of analysis: Lab analysis Method of reporting: As-is
Moisture: 6.8 %

	Total N (mg/kg)	Total P (mg/kg)	Total K (mg/kg)	Total salt (mg/kg)	TFS (%)
Value	11,500.00	1,660.00	18,900.00		8.71
DL	100.00	100.00	100.00		0.01

Annual Report - General Order No. R5-2007-0035
Reporting period 01/01/2023 to 12/31/2023.

12 - 10/25/2019: Jose Wheat Grass Hay

F12 40A

Sample and source description: F12 40A
Sample date: 10/24/2023 Source of analysis: Lab analysis Method of reporting: As-is
Moisture: 8.0 %

	Total N (mg/kg)	Total P (mg/kg)	Total K (mg/kg)	Total salt (mg/kg)	TFS (%)
Value	15,200.00	1,440.00	23,000.00		10.20
DL	100.00	100.00	100.00		0.01

2 - 10/13/2021: Alfalfa, hay

F272A and F646A composit 2nd Cutting

Sample and source description: F272A and F646A composit 2nd Cutting
Sample date: 07/26/2023 Source of analysis: Lab analysis Method of reporting: As-is
Moisture: 9.0 %

	Total N (mg/kg)	Total P (mg/kg)	Total K (mg/kg)	Total salt (mg/kg)	TFS (%)
Value	29,300.00	2,730.00	26,700.00		9.26
DL	100.00	100.00	100.00		0.01

4 - 11/06/2022: Wheat, silage, soft dough

F412 A

Sample and source description: F412 A
Sample date: 04/20/2023 Source of analysis: Lab analysis Method of reporting: As-is
Moisture: 65.2 %

	Total N (mg/kg)	Total P (mg/kg)	Total K (mg/kg)	Total salt (mg/kg)	TFS (%)
Value	4,800.00	730.00	8,350.00		10.30
DL	100.00	100.00	100.00		0.01

Annual Report - General Order No. R5-2007-0035
Reporting period 01/01/2023 to 12/31/2023.

4 - 06/09/2023: Corn, silage

F412 A

Sample and source description: F412 A
Sample date: 09/26/2023 Source of analysis: Lab analysis Method of reporting: As-is
Moisture: 67.0 %

	Total N (mg/kg)	Total P (mg/kg)	Total K (mg/kg)	Total salt (mg/kg)	TFS (%)
Value	2,710.00	770.00	5,140.00		6.40
DL	100.00	100.00	100.00		0.01

5 - 11/05/2022: Wheat, silage, soft dough

F580

Sample and source description: F580
Sample date: 04/21/2023 Source of analysis: Lab analysis Method of reporting: As-is
Moisture: 51.8 %

	Total N (mg/kg)	Total P (mg/kg)	Total K (mg/kg)	Total salt (mg/kg)	TFS (%)
Value	6,560.00	1,690.00	17,800.00		8.81
DL	100.00	100.00	100.00		0.01

5 - 06/10/2023: Corn, silage

F580 A

Sample and source description: F580 A
Sample date: 09/27/2023 Source of analysis: Lab analysis Method of reporting: As-is
Moisture: 63.8 %

	Total N (mg/kg)	Total P (mg/kg)	Total K (mg/kg)	Total salt (mg/kg)	TFS (%)
Value	3,480.00	770.00	6,680.00		5.40
DL	100.00	100.00	100.00		0.01

Annual Report - General Order No. R5-2007-0035
Reporting period 01/01/2023 to 12/31/2023.

6 - 10/20/2020: Alfalfa, hay

F272A and F646A composit 2nd Cutting

Sample and source description: F272A and F646A composit 2nd Cutting

Sample date: 07/26/2023 Source of analysis: Lab analysis Method of reporting: As-is

Moisture: 9.0 %

	Total N (mg/kg)	Total P (mg/kg)	Total K (mg/kg)	Total salt (mg/kg)	TFS (%)
Value	29,300.00	2,730.00	26,700.00		9.26
DL	100.00	100.00	100.00		0.01

7 - 10/25/2022: Alfalfa, hay

F775A 2nd cutting

Sample and source description: F775A 2nd cutting

Sample date: 07/26/2023 Source of analysis: Lab analysis Method of reporting: As-is

Moisture: 9.4 %

	Total N (mg/kg)	Total P (mg/kg)	Total K (mg/kg)	Total salt (mg/kg)	TFS (%)
Value	29,800.00	2,590.00	29,100.00		10.90
DL	100.00	100.00	100.00		0.01

9 - 11/12/2022: Wheat, silage, soft dough

F993 A

Sample and source description: F993 A

Sample date: 04/21/2023 Source of analysis: Lab analysis Method of reporting: As-is

Moisture: 77.4 %

	Total N (mg/kg)	Total P (mg/kg)	Total K (mg/kg)	Total salt (mg/kg)	TFS (%)
Value	3,960.00	790.00	9,720.00		12.90
DL	100.00	100.00	100.00		0.01

9 - 11/12/2022: Wheat, silage, soft dough

F993A Wheat Hay

Sample and source description: F993A Wheat Hay

Sample date: 07/26/2023 Source of analysis: Lab analysis Method of reporting: As-is

Moisture: 7.6 %

	Total N (mg/kg)	Total P (mg/kg)	Total K (mg/kg)	Total salt (mg/kg)	TFS (%)
Value	12,400.00	2,380.00	19,000.00		10.20
DL	100.00	100.00	100.00		0.01

9 - 06/08/2023: Corn, silage

F993 A

Sample and source description: F993 A

Sample date: 09/28/2023 Source of analysis: Lab analysis Method of reporting: As-is

Moisture: 66.6 %

	Total N (mg/kg)	Total P (mg/kg)	Total K (mg/kg)	Total salt (mg/kg)	TFS (%)
Value	3,570.00	770.00	5,290.00		5.50
DL	100.00	100.00	100.00		0.01

F. SUBSURFACE (TILE) DRAINAGE ANALYSES

F580 Tile Drain

F580 A

Sample description: F580 A

Sample date: 11/02/2023 Source of analysis: Lab analysis

	NH4-N (mg/L)	Nitrate-N (mg/L)	Total P (mg/L)	EC (µmhos/cm)	TDS (mg/L)
Value	0.00	15.80		7,000.00	
DL	0.50	0.10		10.00	

Annual Report - General Order No. R5-2007-0035
Reporting period 01/01/2023 to 12/31/2023.

NUTRIENT APPLICATIONS, POTENTIAL REMOVAL, AND BALANCE

A. SUMMARY OF NUTRIENT APPLICATIONS, POTENTIAL REMOVAL, AND BALANCE

	Total N (lbs)	Total P (lbs)	Total K (lbs)	Total salt (lbs)
Existing soil nutrient content	0.00	0.00	0.00	0.00
Plowdown credit	0.00	0.00	0.00	0.00
Commercial fertilizer / Other	15,100.00	0.00	0.00	0.00
Dry manure	56,403.29	9,604.63	68,586.66	0.00
Process wastewater	53,813.94	4,720.56	110,301.66	538,666.19
Fresh water	4,490.16	0.00	0.00	350,232.65
Atmospheric deposition	7,210.00	0.00	0.00	0.00
Total nutrients applied	137,017.38	14,325.19	178,888.32	888,898.84
Anticipated crop nutrient removal	220,436.00	31,008.80	168,322.80	0.00
Actual crop nutrient removal	136,535.20	22,605.65	213,832.88	668,934.62
Nutrient balance	482.18	-8,280.46	-34,944.56	219,964.22
Applied to removed ratio	1.00	0.63	0.84	1.33

B. POUNDS OF NUTRIENT APPLIED VS. CROP REMOVAL

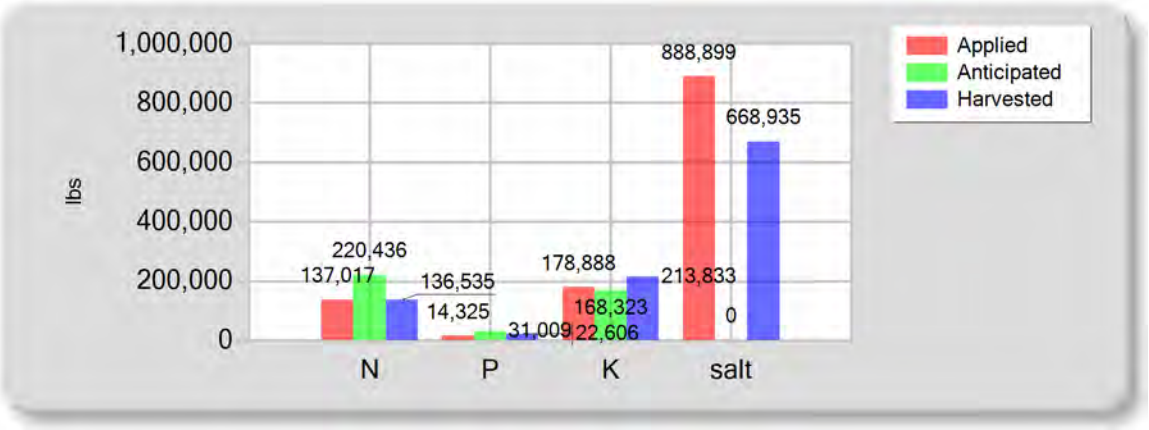

Annual Report - General Order No. R5-2007-0035
Reporting period 01/01/2023 to 12/31/2023.

C. POUNDS OF NUTRIENT APPLIED BY MATERIAL TYPE

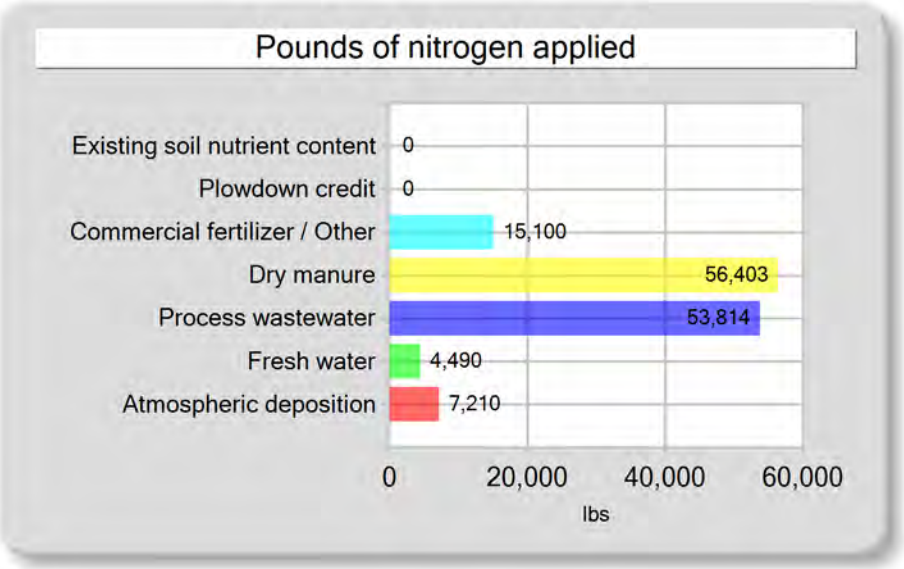

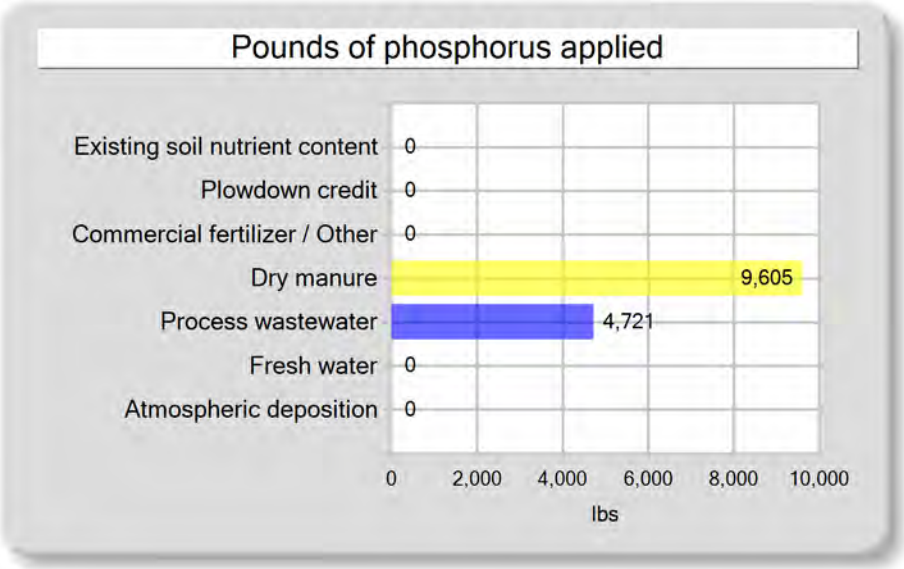

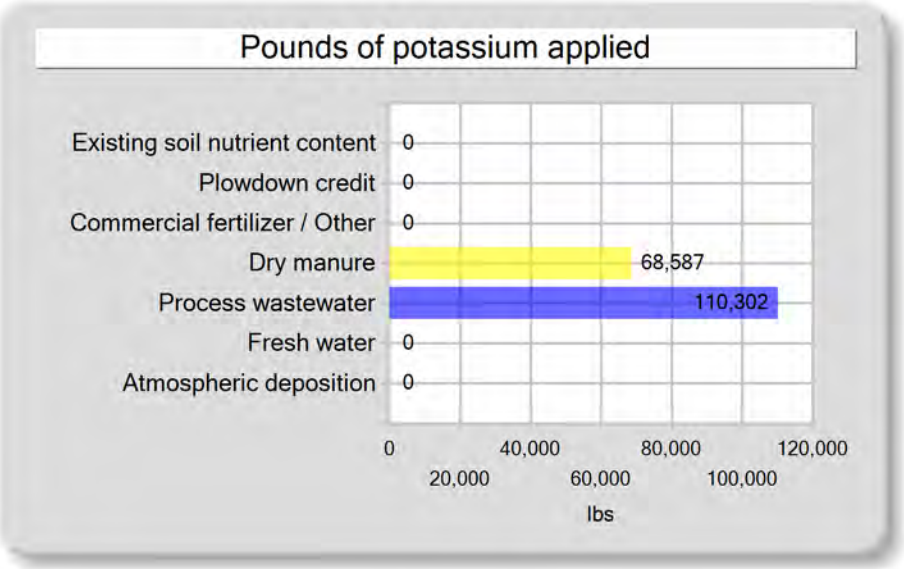

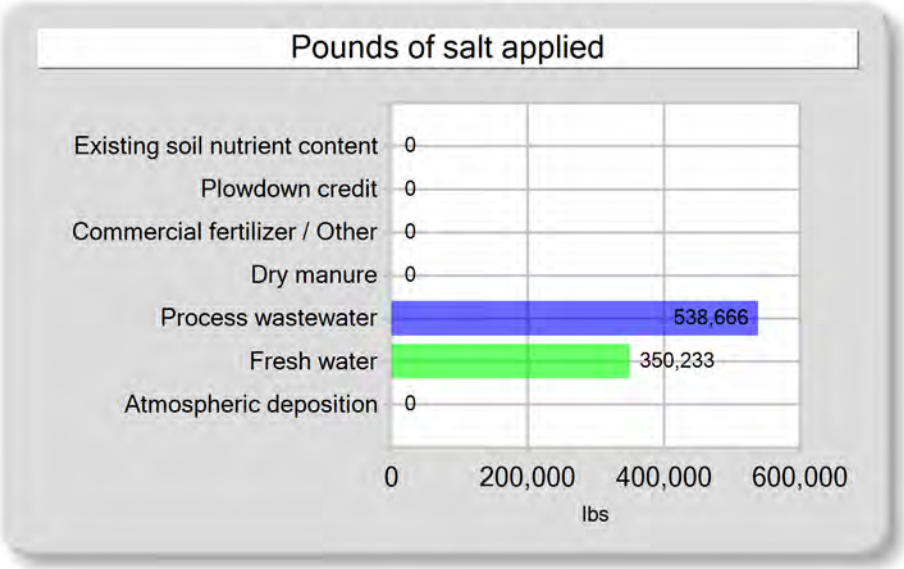

Annual Report - General Order No. R5-2007-0035
Reporting period 01/01/2023 to 12/31/2023.

EXCEPTION REPORTING

A. MANURE, PROCESS WASTEWATER, AND OTHER DAIRY WASTE DISCHARGES

The following is a summary of all manure and process wastewater discharges from the production area to surface water or to land areas (land application areas or otherwise) when not in accordance with the facility's Nutrient Management Plan.

No manure or process wastewater discharges occurred during the reporting period.

B. STORM WATER DISCHARGES

The following is a summary of all storm water discharges from the production area to surface water during the reporting period when not in accordance with the facility 's Nutrient Management Plan.

No stormwater discharges occurred during the reporting period.

C. LAND APPLICATION AREA TO SURFACE WATER DISCHARGES

The following is a summary of all discharges from the land application area to surface water that have occurred during the reporting period when not in accordance with the facility's Nutrient Management Plan.

No land application area to surface water discharges occurred during the reporting period.

NUTRIENT MANAGEMENT PLAN AND EXPORT AGREEMENT STATEMENTS

A. NUTRIENT MANAGEMENT PLAN STATEMENTS

Was the facility's NMP updated in the reporting period?	No
Was the facility's NMP developed by a certified nutrient management planner (specialist) as specified in Attachment C of the General Order?	Yes
Was the facility's NMP approved by a certified nutrient management planner (specialist) as specified in Attachment C of the General Order?	Yes

B. EXPORT AGREEMENT STATEMENT

Are there any written agreements with third parties to receive manure or process wastewater that are new or were revised within the reporting period?	No

Annual Report - General Order No. R5-2007-0035
Reporting period 01/01/2023 to 12/31/2023.

ADDITIONAL NOTES

A. NOTES

Precipitation utilized during winter months to meet forage freshwater requirements.

Fields 12 Jose Wheat Grass Hay had higher than anticipated removal rates. This was due to higher than expected yields. Appropriate management practices and sufficient amounts of surface water availability resulted in decent yields that led to higher than expected nutrient removal rates .

Field 5 Wheat, 9 wheat, 1 Corn, 4 Corn, 5 Corn, 11 Corn, & 7 Alfalfa had lower than anticipated removal rates. This was due to a lower than expected yield and/or %N. The %N was based on analysis that was derived through a certified laboratory. However, the applications to these fields matched the low removal rates and was able to meet the field ratio threshold of 1.4.

Field 4 Wheat Silage had lower than anticipated removal rates due to extremely low tonnage and %N. The %N was based on analysis that was derived through a certified laboratory, which showed less %N then expected. This resulted in a field ratio slightly exceeding target limits.

Fields 2 Alfalfa & 6 Alfalfa did not receive any nutrients in 2023. All nutrients applied were contributed through freshwater applications.

Annual Report - General Order No. R5-2007-0035
Reporting period 01/01/2023 to 12/31/2023.

CERTIFICATION

A. OWNER AND/OR OPERATOR CERTIFICATION

I certify under penalty of law that I have personally examined and am familiar with the information submitted in this document and all attachments and that, based on my inquiry of those individuals immediately responsible for obtaining the information, I believe that the information is true, accurate, and complete. I am aware that there are significant penalties for submitting false information, including the possibility of fine and imprisonment.

DocuSigned by:
Deolinda Lopes
417C67BB258444B...

SIGNATURE OF OWNER OF FACILITY	SIGNATURE OF OPERATOR OF FACILITY
Deolinda and Carlos Lopes	SAME AS OWNER
PRINT OR TYPE NAME	PRINT OR TYPE NAME
6/14/2024	
DATE	DATE

Annual Report - General Order No. R5-2007-0035
Reporting period 01/01/2023 to 12/31/2023.

ATTACHMENTS

A. REQUIRED ATTACHMENTS

The following lists the required documents that should be attached to the Annual Report when submitted .

Annual Dairy Facility Assessment
Provide an Annual Dairy Facility Assessment (an update to the Preliminary Dairy Facility Assessment in Attachment A) for each reporting period. On the PDFA Final page, click on the ADFA Report button to generate an ADFA report after updating information as needed .

Manure/Process Wastewater Tracking Manifests
Provide copies of all manure/process wastewater tracking manifests for the reporting period, signed by both the owner/operator and the hauler.

Corrective Actions Documents
Provide records documenting any corrective actions taken to correct deficiencies noted as a result of the inspections required in the Monitoring Requirements of the General Order. Deficiencies not corrected in 30 days must be accompanied by an explanation of the factors preventing immediate correction.

Groundwater Monitoring
Dischargers that monitor supply wells or subsurface (tile) drainage systems, or that have monitoring well systems must submit monitoring results as directed in the General Order, Groundwater Reporting Section starting on page MRP-13.

Storm Water Monitoring
Dischargers that are required to monitor storm water more frequently than required in the General Order must submit monitoring results as directed in the General Order, Storm Water Reporting Section on page MRP-14.

DocuSign Envelope ID: 6B693DBC-70FE-463E-8D07-A95AB5E0B2CD

Denele Analytical, Inc.

865 South Kilroy Avenue Turlock, CA 95380
Phone (209) 634-9055 - Fax (209) 634-9057

40 N. East Street, Woodland, CA 95776
Phone (530) 666-9056 - Fax (530) 666-9058

www.denelelabs.com

Compliance Analysis Report

Customer
D & C Lopes Trust
17273 W. Cotton Gin Road
Los Banos, CA 95316

Grower

Consultant:
F & R Ag Services
2857 Geer Rd. Ste A
Turlock, CA 95382

PURCHASE ORDER:
RECEIVED DATE: 11/2/23 3:49 PM
SUBMITTED BY: Carlos
ANALYZED DATE: 11/3/23

Irrigation/ Ground Water (H1)
SOURCE: Tile Drain

NOTES: Temperature was above qualifying at 24.0c

Sample ID	Lab ID	Analyte	Method Ref	Result	Units
F580 A	T3306030A	Electrical Conductivity (EC)	EPA 120.1 and	7.06	mmhos/cm
		Nitrate Nitrogen (NO3-N)	EPA 353.2	15.8	mg/L
		Ammonia Nitrogen (NH3-N)	SM 4500-NH3 D,C	< 0.500	mg/L
		Soluble Salts (SALT-SOL)	Calculation	4520	mg/L

Laboratory Quality Control	LCS %	MS %	MSD %	RPD %
Ammonia Nitrogen (NH3-N)	95.6	97.6 (T3306002A)	95.2 (T3306002A)	2.48
Electrical Conductivity (EC)	98.9			0.297
Nitrate Nitrogen (NO3-N)	99.3	103 (T3306005A)	101 (T3306005A)	2.39

The warranty of Denele Analytical is limited to the accuracy of the analyses of the samples as received. Denele Analytical assumes no responsibility for which the customer uses our test results, nor liability for any other warranties, express or implied. These terms and conditions shall supercede any conflicting terms and conditions submitted on customer purchase orders or other forms submitted for work.

ELAP Certificate No.: 2714

DocuSign Envelope ID: 6B693DBC-70FE-463E-8D07-A95AB5E0B2CD

Denele Analytical, Inc.

865 South Kilroy Avenue Turlock, CA 95380
Phone (209) 634-9055 - Fax (209) 634-9057

40 N. East Street, Woodland, CA 95776
Phone (530) 666-9056 - Fax (530) 666-9058

www.denelelabs.com

Compliance Analysis Report

Customer
D & C Lopes Trust
17273 W. Cotton Gin Road
Los Banos, CA 95316

Grower

Consultant:
F & R Ag Services
2857 Geer Rd. Ste A
Turlock, CA 95382

PURCHASE ORDER:
RECEIVED DATE: 11/2/23 3:49 PM
SUBMITTED BY: Carlos
ANALYZED DATE: 11/3/23

Irrigation/ Ground Water (H1)
SOURCE: Well Water

NOTES: Temperature was above qualifying at 24.0c

Sample ID	Lab ID	Analyte	Method Ref	Result	Units
Dairy Well #2	T3306030B	Electrical Conductivity (EC)	EPA 120.1 and	4.01	mmhos/cm
		Nitrate Nitrogen (NO3-N)	EPA 353.2	6.60	mg/L
		Ammonia Nitrogen (NH3-N)	SM 4500-NH3 D,C	< 0.500	mg/L
		Soluble Salts (SALT-SOL)	Calculation	2570	mg/L

Laboratory Quality Control	LCS %	MS %	MSD %	RPD %
Ammonia Nitrogen (NH3-N)	95.6	97.6 (T3306002A)	95.2 (T3306002A)	2.48
Electrical Conductivity (EC)	98.0			0.943
Nitrate Nitrogen (NO3-N)	99.3	103 (T3306005A)	101 (T3306005A)	2.39

The warranty of Denele Analytical is limited to the accuracy of the analyses of the samples as received. Denele Analytical assumes no responsibility for which the customer uses our test results, nor liability for any other warranties, express or implied. These terms and conditions shall supercede any conflicting terms and conditions submitted on customer purchase orders or other forms submitted for work.

DocuSign Envelope ID: 6B693DBC-70FE-463E-8D07-A95AB5E0B2CD

Denele Analytical, Inc.

865 South Kilroy Avenue Turlock, CA 95380
Phone (209) 634-9055 - Fax (209) 634-9057

40 N. East Street, Woodland, CA 95776
Phone (530) 666-9056 - Fax (530) 666-9058

www.denelelabs.com

Compliance Analysis Report

Customer
D & C Lopes Trust
17273 W. Cotton Gin Road
Los Banos, CA 95316

Grower

Consultant:
F & R Ag Services
2857 Geer Rd. Ste A
Turlock, CA 95382

PURCHASE ORDER:
RECEIVED DATE: 11/2/23 3:49 PM
SUBMITTED BY: Carlos
ANALYZED DATE: 11/3/23

Irrigation/ Ground Water (H1)
SOURCE: Well Water

NOTES: Temperature was above qualifying at 24.4c

Sample ID	Lab ID	Analyte	Method Ref	Result	Units
Dairy Well #3	T3306030C	Electrical Conductivity (EC)	EPA 120.1 and	4.77	mmhos/cm
		Nitrate Nitrogen (NO3-N)	EPA 353.2	12.4	mg/L
		Ammonia Nitrogen (NH3-N)	SM 4500-NH3 D,C	< 0.500	mg/L
		Soluble Salts (SALT-SOL)	Calculation	3050	mg/L

Laboratory Quality Control	LCS %	MS %	MSD %	RPD %
Ammonia Nitrogen (NH3-N)	95.6	97.6 (T3306002A)	95.2 (T3306002A)	2.48
Electrical Conductivity (EC)	98.0			0.943
Nitrate Nitrogen (NO3-N)	99.3	103 (T3306005A)	101 (T3306005A)	2.39

The warranty of Denele Analytical is limited to the accuracy of the analyses of the samples as received. Denele Analytical assumes no responsibility for which the customer uses our test results, nor liability for any other warranties, express or implied. These terms and conditions shall supercede any conflicting terms and conditions submitted on customer purchase orders or other forms submitted for work.

DocuSign Envelope ID: 6B693DBC-70FE-463E-8D07-A95AB5E0B2CD

Denele Analytical, Inc.

865 South Kilroy Avenue Turlock, CA 95380
Phone (209) 634-9055 - Fax (209) 634-9057

40 N. East Street, Woodland, CA 95776
Phone (530) 666-9056 - Fax (530) 666-9058

www.denelelabs.com

Compliance Analysis Report

Customer
D & C Lopes Trust
17273 W. Cotton Gin Road
Los Banos, CA 95316

Grower

Consultant:
F & R Ag Services
2857 Geer Rd. Ste A
Turlock, CA 95382

PURCHASE ORDER:
RECEIVED DATE: 11/2/23 3:49 PM
SUBMITTED BY: Carlos
ANALYZED DATE: 11/3/23

Irrigation/ Ground Water (H1)
SOURCE: Irrigation Water

NOTES: Temperature was above qualifying at 24.4c

Sample ID	Lab ID	Analyte	Method Ref	Result	Units
F11 30A	T3306030D	Electrical Conductivity (EC)	EPA 120.1 and	3.90	mmhos/cm
		Nitrate Nitrogen (NO3-N)	EPA 353.2	7.35	mg/L
		Ammonia Nitrogen (NH3-N)	SM 4500-NH3 D,C	< 0.500	mg/L
		Soluble Salts (SALT-SOL)	Calculation	2500	mg/L

Laboratory Quality Control	LCS %	MS %	MSD %	RPD %
Ammonia Nitrogen (NH3-N)	95.6	97.6 (T3306002A)	95.2 (T3306002A)	2.48
Electrical Conductivity (EC)	98.0			0.943
Nitrate Nitrogen (NO3-N)	99.3	103 (T3306005A)	101 (T3306005A)	2.39

The warranty of Denele Analytical is limited to the accuracy of the analyses of the samples as received. Denele Analytical assumes no responsibility for which the customer uses our test results, nor liability for any other warranties, express or implied. These terms and conditions shall supercede any conflicting terms and conditions submitted on customer purchase orders or other forms submitted for work.

DocuSign Envelope ID: 6B693DBC-70FE-463E-8D07-A95AB5E0B2CD

Denele Analytical, Inc.

865 South Kilroy Avenue Turlock, CA 95380
Phone (209) 634-9055 - Fax (209) 634-9057

40 N. East Street, Woodland, CA 95776
Phone (530) 666-9056 - Fax (530) 666-9058

www.denelelabs.com

Compliance Analysis Report

Customer
D & C Lopes Trust
17273 W. Cotton Gin Road
Los Banos, CA 95316

Grower

Consultant:
F & R Ag Services
2857 Geer Rd. Ste A
Turlock, CA 95382

PURCHASE ORDER:
RECEIVED DATE: 11/2/23 3:49 PM
SUBMITTED BY: Carlos
ANALYZED DATE: 11/3/23

Irrigation/ Ground Water (H1)
SOURCE: Irrigation Water

NOTES: Temperature was above qualifying at 22.0c

Sample ID	Lab ID	Analyte	Method Ref	Result	Units
F6 46A	T3306030E	Electrical Conductivity (EC)	EPA 120.1 and	0.880	mmhos/cm
		Nitrate Nitrogen (NO3-N)	EPA 353.2	3.86	mg/L
		Ammonia Nitrogen (NH3-N)	SM 4500-NH3 D,C	< 0.500	mg/L
		Soluble Salts (SALT-SOL)	Calculation	563	mg/L

Laboratory Quality Control	LCS %	MS %	MSD %	RPD %
Ammonia Nitrogen (NH3-N)	95.6	97.6 (T3306002A)	95.2 (T3306002A)	2.48
Electrical Conductivity (EC)	98.0			0.943
Nitrate Nitrogen (NO3-N)	99.3	103 (T3306005A)	101 (T3306005A)	2.39

The warranty of Denele Analytical is limited to the accuracy of the analyses of the samples as received. Denele Analytical assumes no responsibility for which the customer uses our test results, nor liability for any other warranties, express or implied. These terms and conditions shall supercede any conflicting terms and conditions submitted on customer purchase orders or other forms submitted for work.

DocuSign Envelope ID: 6B693DBC-70FE-463E-8D07-A95AB5E0B2CD

Denele Analytical, Inc.

865 South Kilroy Avenue Turlock, CA 95380
Phone (209) 634-9055 - Fax (209) 634-9057

40 N. East Street, Woodland, CA 95776
Phone (530) 666-9056 - Fax (530) 666-9058

www.denelelabs.com

Compliance Analysis Report

Customer
D & C Lopes Trust
17273 W. Cotton Gin Road
Los Banos, CA 95316

Grower

Consultant:
F & R Ag Services
2857 Geer Rd. Ste A
Turlock, CA 95382

PURCHASE ORDER:
RECEIVED DATE: 11/2/23 3:49 PM
SUBMITTED BY: Carlos
ANALYZED DATE: 11/3/23

Irrigation/ Ground Water (H1)
SOURCE: Irrigation Water

NOTES: Temperature was above qualifying at 24.0c

Sample ID	Lab ID	Analyte	Method Ref	Result	Units
F1 65A	T3306030F	Electrical Conductivity (EC)	EPA 120.1 and	2.99	mmhos/cm
		Nitrate Nitrogen (NO3-N)	EPA 353.2	2.25	mg/L
		Ammonia Nitrogen (NH3-N)	SM 4500-NH3 D,C	< 0.500	mg/L
		Soluble Salts (SALT-SOL)	Calculation	1910	mg/L

Laboratory Quality Control	LCS %	MS %	MSD %	RPD %
Ammonia Nitrogen (NH3-N)	95.6	97.6 (T3306002A)	95.2 (T3306002A)	2.48
Electrical Conductivity (EC)	98.0			0.943
Nitrate Nitrogen (NO3-N)	99.3	103 (T3306005A)	101 (T3306005A)	2.39

The warranty of Denele Analytical is limited to the accuracy of the analyses of the samples as received. Denele Analytical assumes no responsibility for which the customer uses our test results, nor liability for any other warranties, express or implied. These terms and conditions shall supercede any conflicting terms and conditions submitted on customer purchase orders or other forms submitted for work.

DocuSign Envelope ID: 6B693DBC-70FE-463E-8D07-A95AB5E0B2CD

Denele Analytical, Inc.

865 South Kilroy Avenue Turlock, CA 95380
Phone (209) 634-9055 - Fax (209) 634-9057

40 N. East Street, Woodland, CA 95776
Phone (530) 666-9056 - Fax (530) 666-9058

www.denelelabs.com

Compliance Analysis Report

Customer
D & C Lopes Trust
17273 W. Cotton Gin Road
Los Banos, CA 95316

Grower

Consultant:
F & R Ag Services
2857 Geer Rd. Ste A
Turlock, CA 95382

PURCHASE ORDER:
RECEIVED DATE: 11/2/23 3:49 PM
SUBMITTED BY: Carlos
ANALYZED DATE: 11/3/23

Irrigation/ Ground Water (H1)
SOURCE: Irrigation Water

NOTES: Temperature was above qualifying at 24.6c

Sample ID	Lab ID	Analyte	Method Ref	Result	Units
F7 55A	T3306030G	Electrical Conductivity (EC)	EPA 120.1 and	0.821	mmhos/cm
		Nitrate Nitrogen (NO3-N)	EPA 353.2	1.36	mg/L
		Ammonia Nitrogen (NH3-N)	SM 4500-NH3 D,C	< 0.500	mg/L
		Soluble Salts (SALT-SOL)	Calculation	525	mg/L

Laboratory Quality Control	LCS %	MS %	MSD %	RPD %
Ammonia Nitrogen (NH3-N)	95.6	97.6 (T3306002A)	95.2 (T3306002A)	2.48
Electrical Conductivity (EC)	98.0			0.943
Nitrate Nitrogen (NO3-N)	99.3	103 (T3306005A)	101 (T3306005A)	2.39

The warranty of Denele Analytical is limited to the accuracy of the analyses of the samples as received. Denele Analytical assumes no responsibility for which the customer uses our test results, nor liability for any other warranties, express or implied. These terms and conditions shall supercede any conflicting terms and conditions submitted on customer purchase orders or other forms submitted for work.

DocuSign Envelope ID: 6B693DBC-70FE-463E-8D07-A95AB5E0B2CD

DENELE ANALYTICAL, INC.
865 S. KILROY
TURLOCK, CA 95380
PH# 209-634-9055 FAX# 209-634-9057

DAIRY COMPLIANCE

Client: D C Lopes Trust
Mailing address:
(not facility address) Los Banos
Phone#:

Authorized Copy Released To: F & R
Sampled By:
Project ID:

ANALYSIS TO BE COMPLETED:

IRRIGATION/GROUND WATER
- H1 EC*, NO3-N, NH4-N*
- H6 EC, TN, TDS
- H7 Combination of H1 & H6
- H14 EC, NO3-N, NH4-N, Ca, Mg, Na, Bicarb Carb, SO4, Cl, TDS

PROCESS WASTE WATER
- H3 EC*, NH4-N, TKN, TP, K, TDS
- H4 EC*, NO3-N, NH4-N, TKN, TP, K, TDS
- H5 Ca, Mg, Na, Bicarb, Carb, SO4, Cl
- H8 Combination of H3 &H5
- H9 Combination of H4 &H5

TILE DRAIN
- H2 EC*, NO3-N, TP, NH4-N*, TDS

** Required Field Measurement*

___ (Check here if performed)

DISCHARGE WATER
- E1 EC*, Temp*, pH*, NO3-N, NH4-N, TKN, TP, K, TDS, Dissolved Oxygen*, BOD 5, TSS, Total & Fecal Coliforms
- E2 EC,* Temp*, pH*, NO3-N, NH4-N*, Turbidity, TP, Dissolved Oxygen*, Total & Fecal Coliforms
- E3 EC*, Temp*, pH*, NO3-N, NH4-N*, TP, Total & Fecal Coliforms
- E4 EC*, Temp*, pH*, NO3-N, NH4-N*, Turbidity, TP, Total & Fecal Coliform

MANURE
- M1 % Moisture
- M3 TN TP, K, % Moisture
- M4 Ca, Mg, Na, Bicarb, Carb, SO4, Cl, Ash
- M7 Combination of M3 & M4

PLANT TISSUE
- F18 % Moisture, Ash, TN, P, K, DM and as received
- F18+ % Moisture, Ash, TN, P, K, DM and as received (Package also includes NIR DCAD)
- F19+ % Moisture, TN (Package includes complete plant tissue analysis)

SOIL
- K3 Soluble Phosphorus
- K4 1ft NO3, Organic Matter
- K5 Pre-Plant (2ft NO3), Fall (1-2ft NO3), Fall (2-3ft NO3)
- K6 0-1ft EC, NO3, Soluble P, K, Organic Matter
- K7 Combination of K3 & K4
- K8 Combination of K3 & K5

	Date Collected	Time Collected	Sample ID	Description	Temp	Well Purge	Analysis: H1	H3	M3	F18	OTHER
1	11-2-23	8:30	F5 80A Tile water		65°	24.0'	X				
2	11-2-23	10:00	Dairy well #2		70°	24.0'	X				
3	11-2-23	10:25	Dairy well #3		70°	24.4'	X				
4	11-2-23	10:35	F11 30A well		70°	24.4'	X				
5	11-2-23	10:55	F6 46A well		69°	22.0'	X				
6	11-2-23	11:00	F1 65A well		71°	24.0'	X				
7	11-2-23	11:15	F7 55A well		72°	24.6'	X				
8											
9											
10											

CHAIN OF CUSTODY RECORDING

	Signature	Company	Received Date & Time	Relinquished Date & Time	*(LABORATORY USE ONLY)* Logged in By:	LABORATORY NUMBER
1st	Carly F. Lopes			11-2-23 3:49pm		
2nd		DENELE ANALYTICAL, INC.	11-2-23 3:49			T3306030

Required to be submitted to any agency? (YES / NO)

DocuSign Envelope ID: 6B693DBC-70FE-463E-8D07-A95AB5E0B2CD

CENTRAL CALIFORNIA IRRIGATION DISTRICT

ANNUAL QUALITY OF HEADWORKS AND CANALS

ANALYSIS BY BSK LABOATORIES OF FRESNO

Location	DATE	Alkalinity as CaCO3 mg/l	Bicarbonate as CaCO3 mg/l	B mg/l	Ca mg/l	Carbonate as CaCO3 mg/l	Cl mg/l	EC umhos/cm	Hydroxide as CaCO3 mg/l	Mg mg/l	NO3 mg/l	pH std	K mg/l	Se ug/l	Na mg/l	SO4 mg/l	TDS mg/l	TDS/EC factor
Colony Main Endworks - 1	May 11, 2023	73	73	ND	21	ND	19	260	ND	9.3	0.37	7.0	3.6	2	20	25	240	0.923
Branch 5 Endworks - 2	May 11, 2023	88	88	0.10	31	ND	66	470	ND	15	0.56	6.9	4.5	2.4	47	52	350	0.745
Branch 4 Endworks - 3	May 11, 2023	100	100	0.19	49	ND	170	930	ND	24	ND	7.2	5.8	1.8	110	100	560	0.602
Branch 3 Endworks - 4	May 11, 2023	36	36	ND	10	ND	3.5	110	ND	5.5	ND	6.6	2.8	2.2	7.4	13	130	1.182
Main @ Russel Ave. - 5	May 11, 2023	27	27	ND	6.3	ND	1.4	61	ND	2.4	ND	6.5	ND	0.78	3.4	3.3	78	1.279
Outside @ Russel Ave. - 6	May 11, 2023	43	43	0.16	22	ND	61	440	ND	10	ND	6.6	ND	0.86	50	75	280	0.636
DMC @ Firebaugh Wasteway - 7	May 11, 2023	26	26	ND	5.8	ND	1.2	55	ND	1.8	ND	6.5	ND	0.69	3	2.7	74	1.345
Outside @ Headgate - 7.5	May 11, 2023	110	100	0.30	37	ND	66	620	ND	18	0.29	8.4	3.7	0.95	62	110	400	0.645
Main @ Headgate - 8	May 11, 2023	25	25	ND	5.6	ND	1.1	54	ND	1.8	ND	54.0	ND	0.78	2.9	2.5	93	1.722
Branch 2 @ Valeria - 9	May 11, 2023	34	34	ND	8.9	ND	2.7	100	ND	4.4	0.23	6.5	2.3	1	7.1	12	120	1.200
Parsons Endworks - 10	May 11, 2023	34	34	ND	8.6	ND	1.6	82	ND	3.7	ND	6.6	2.3	1.1	4.3	5.3	130	1.585
Central @ Endworks - 11	May 11, 2023	27	27	ND	6.7	ND	1.7	62	ND	3.3	ND	6.5	2.2	1.5	3.5	3.4	110	1.774
Poso @ Santa Rita Split - 12	May 11, 2023	28	28	ND	6.4	ND	1.7	66	ND	2.8	ND	6.5	ND	0.99	3.5	3.8	99	1.500
Santa Rita @ Endworks - 13	May 11, 2023	33	33	ND	7.8	ND	2.6	81	ND	3.8	ND	6.6	2.3	1.4	4.8	5.2	130	1.605
Riverside @ Woodslough - 14	May 11, 2023	86	86	ND	43	ND	61	490	ND	8.9	2.6	7.2	ND	0.89	40	50	340	0.694
Volta Weir - 15	May 11, 2023	40	40	0.11	16	ND	36	310	ND	8.1	ND	6.8	2.3	1.1	30	48	230	0.742
Wolfsen Weir - 16	May 11, 2023	45	45	ND	13	ND	22	220	ND	5.9	ND	6.8	2.1	0.62	20	25	160	0.727
Sullivan @ Headgate - 17	May 11, 2023	47	47	ND	14	ND	28	270	ND	6.9	0.42	6.8	2.1	0.88	25	35	210	0.778
Orestimba Creek @ Main - 18	May 11, 2023	52	52	ND	14	ND	19	240	ND	7.9	0.25	6.9	2.4	0.9	19	30	200	0.833
Main Endworks - 19	May 11, 2023	60	60	ND	16	ND	12	200	ND	6.7	ND	8.1	2.4	0.93	13	20	160	0.800
Miles Weir @ Gun Club - 20	May 11, 2023	53	53	ND	15	ND	24	260	ND	8.6	0.55	6.7	2.3	1	20	29	180	0.692
Fialos Weir - 21	May 11, 2023	35	35	ND	12	ND	21	200	ND	5	ND	6.6	ND	1.1	19	26	130	0.650
Barcellos Weir - 22	May 11, 2023	44	44	0.12	13	ND	28	270	ND	6.5	ND	6.6	ND	1	26	39	180	0.667
Fegundes Weir - 23	May 11, 2023	44	44	0.16	21	ND	59	450	ND	9.1	ND	6.8	2.3	0.94	49	71	260	0.578
East Ditch Reservoir - 24	May 11, 2023	43	43	ND	10	ND	4.8	130	ND	4.9	0.28	6.9	3.6	1.8	8.9	8.4	240	1.846