Annual Report - General Order No. R5-2007-0035
Reporting period 01/01/2023 to 12/31/2023.

DAIRY FACILITY INFORMATION

A. NAME OF DAIRY OR BUSINESS OPERATING THE DAIRY: Joe O. Rocha Dairy, Inc.

Physical address of dairy:

Number and Street	City	County	Zip Code
18451 W Bradbury RD	Turlock	Merced	95380

Street and nearest cross street (if no address):

Date facility was originally placed in operation: 01/01/1971

Regional Water Quality Control Board Basin Plan designation: San Joaquin River Basin

County Assessor Parcel Number(s) for dairy facility:

X045-X009-X005-XXXX X045-X009-X007-XXXX X045-X009-X009-XXXX

B. OPERATORS

Fernandes, Nicole

Operator name: Fernandes, Nicole

Telephone no.: (209) 668-2780 (Landline) (Cellular)

Mailing Address Number and Street	City	State	Zip Code
18451 W Bradbury RD	Turlock	CA	95380

Rocha, Joe

Operator name: Rocha, Joe

Telephone no.: (209) 667-1052 (Landline) (209) 652-5196 (Cellular)

Mailing Address Number and Street	City	State	Zip Code
18451 W Bradubury RD	Turlock	CA	95380

Rocha, Joey

Operator name: Rocha, Joey

Telephone no.: (209) 668-6492 (Landline) (209) 652-4419 (Cellular)

Mailing Address Number and Street	City	State	Zip Code
18465 W Bradbury RD	Turlock	CA	95380

This operator is responsible for paying permit fees.

C. OWNERS

Rocha, Joe

Legal owner name:	Rocha, Joe	Telephone no.:	(209) 667-1052	(209) 652-5196
			Landline	Cellular
18451 W Bradubury RD	Turlock		CA	95380
Mailing Address Number and Street	City		State	Zip Code

Rocha, Joey

Legal owner name:	Rocha, Joey	Telephone no.:	(209) 668-6492	(209) 652-4419
			Landline	Cellular
18465 W Bradbury RD	Turlock		CA	95380
Mailing Address Number and Street	City		State	Zip Code

This owner is responsible for paying permit fees.

AVAILABLE NUTRIENTS

A. HERD INFORMATION

	Milk Cows	Dry Cows	Bred Heifers (15-24 mo.)	Heifers (7-14 mo. to breeding)	Calves (4-6 mo.)	Calves (0-3 mo.)
Number open confinement	0	0	315	450	250	205
Number under roof	1,315	125	0	0	0	0
Maximum number	1,315	125	315	450	250	205
Average number	1,315	125	315	450	250	205
Avg live weight (lbs)	1,200	1,300	900	650		

Predominant milk cow breed: Holstein

Average milk production: 80 *pounds per cow per day*

B. MANURE GENERATED

Total manure excreted by the herd: 45,989.29 *tons per reporting period*

Total nitrogen from manure: 579,864.48 *lbs per reporting period*

After ammonia losses (30% loss applied): 405,905.14 *lbs per reporting period*

Total phosphorus from manure: 95,314.35 *lbs per reporting period*

Total potassium from manure: 260,474.18 *lbs per reporting period*

Total salt from manure: 647,911.50 *lbs per reporting period*

C. PROCESS WASTEWATER GENERATED

Process wastewater generated: 29,220,000 *gallons*

Total nitrogen generated: 79,011.29 *lbs*

Total phosphorus generated: 27,748.96 *lbs*

Total potassium generated: 124,994.58 *lbs*

Total salt generated: 702,945.25 *lbs*

	29,220,000	*gallons applied*
+	0	*gallons exported*
-	0	*gallons imported*
=	29,220,000	*gallons generated*

D. FRESH WATER SOURCES

Source Description	Type
Domestic Well - Barn Well N	Ground water
Domestic Well - Barn Well S	Ground water
Domestic Well - Grif One	Ground water
Domestic Well - Mash D	Ground water
Domestic Well - MMD	Ground water

Source Description	Type
Irrigation Water - Canal	Surface water
Irrigation Water - Dairy Well	Ground water

E. SUBSURFACE (TILE) DRAINAGE SOURCES

No subsurface (tile) drainage sources entered.

F. NUTRIENT IMPORTS

No dry manure nutrient imports entered.

No process wastewater nutrient imports entered.

No commercial or other nutrient imports entered.

G. NUTRIENT EXPORTS

Date	Material type	Quantity	Reporting basis	Moisture (%)	Density (lbs/cu ft)	N (mg/kg)	P (mg/kg)	K (mg/kg)	Salt (mg/kg)	TFS (%)
10/24/2023	Corral solids	600.00 *ton*	Dry-weight	18.2		23,700.00	5,700.00	19,500.00		0.00
10/26/2023	Corral solids	1,000.00 *ton*	Dry-weight	18.2		23,700.00	5,700.00	19,500.00		0.00

No liquid nutrient exports entered.

Material type	Total N (lbs)	Total P (lbs)	Total K (lbs)	Total salt (lbs)
Dry manure	62,037.12	14,920.32	51,043.20	0.00
Process wastewater	0.00	0.00	0.00	0.00
Total exports for all materials	62,037.12	14,920.32	51,043.20	0.00

APPLICATION AREA

A. LIST OF LAND APPLICATION AREAS

Field name	Controlled acres	Cropable acres	Total harvests	Type of waste applied	Parcel number
Andy's	15	15	0	none	X046-X010-X020-XXXX
Bull Field	38	38	2	process wastewater	X045-X090-X009-XXXX X045-X091-X020-XXXX
Dairy Field	71	71	2	process wastewater	X045-X090-X005-XXXX
Freeway	29	29	0	none	X044-X320-X009-XXXX
Grandma's	42	42	0	none	X045-X090-X025-XXXX
Grapes	60	60	0	none	X046-X010-X002-XXXX
M&M	15	15	2	manure	X045-X330-X011-XXXX
Machado	55	32	2	process wastewater	X046-X010-X009-XXXX
New Field	30	30	2	manure	X046-X020-X011-XXXX
Oak Street	20	20	0	none	X047-X030-X014-XXXX X047-X030-X020-XXXX
Paul Jr.'s	7	7	0	none	X046-X010-X006-XXXX
Rainbow	52	52	0	none	X045-X320-X005-XXXX
Rudy's	36	36	0	none	X046-X010-X005-XXXX
Vincent	37	37	0	none	X040-X140-X013-XXXX X041-X140-X011-XXXX
Totals for areas that were used for application	209	186	10		
Totals for areas that were not used for application	298	298	0		
Land application area totals	507	484	10		

B. CROPS AND HARVESTS

Bull Field

Field name: Bull Field

Bull Field

11/10/2022: Oats, silage-soft dough

Crop: Oats, silage-soft dough Acres planted: 38 Plant date: 11/10/2022

Harvest date	Yield	Reporting basis	Density (lbs/cu ft)	Moisture (%)	N (mg/kg)	P (mg/kg)	K (mg/kg)	Salt (mg/kg)	TFS (%)
04/22/2023	380.23 *ton*	Dry-weight		58.9	20,000.00	4,200.00	30,300.00		9.00

	Yield (tons/acre)	Total N (lbs/acre)	Total P (lbs/acre)	Total K (lbs/acre)	Salt (lbs/acre)
Anticipated harvest content	16.00	160.00	25.60	132.80	0.00
Total actual harvest content	10.01	164.50	34.54	249.22	740.25

05/17/2023: Corn, silage

Crop: Corn, silage Acres planted: 38 Plant date: 05/17/2023

Harvest date	Yield	Reporting basis	Density (lbs/cu ft)	Moisture (%)	N (mg/kg)	P (mg/kg)	K (mg/kg)	Salt (mg/kg)	TFS (%)
09/05/2023	1,068.65 *ton*	Dry-weight		69.2	14,700.00	3,800.00	21,700.00		7.60

	Yield (tons/acre)	Total N (lbs/acre)	Total P (lbs/acre)	Total K (lbs/acre)	Salt (lbs/acre)
Anticipated harvest content	30.00	240.00	45.00	198.00	0.00
Total actual harvest content	28.12	254.65	65.83	375.92	1,316.58

Dairy Field

Field name: Dairy Field

11/10/2022: Oats, silage-soft dough

Crop: Oats, silage-soft dough Acres planted: 71 Plant date: 11/10/2022

Harvest date	Yield	Reporting basis	Density (lbs/cu ft)	Moisture (%)	N (mg/kg)	P (mg/kg)	K (mg/kg)	Salt (mg/kg)	TFS (%)
04/22/2023	709.86 *ton*	Dry-weight		59.6	19,700.00	4,200.00	29,900.00		8.40

	Yield (tons/acre)	Total N (lbs/acre)	Total P (lbs/acre)	Total K (lbs/acre)	Salt (lbs/acre)
Anticipated harvest content	16.00	160.00	25.60	132.80	0.00
Total actual harvest content	10.00	159.14	33.93	241.54	678.59

Dairy Field

05/17/2023: Corn, silage

Crop: Corn, silage Acres planted: 71 Plant date: 05/17/2023

Harvest date	Yield	Reporting basis	Density (lbs/cu ft)	Moisture (%)	N (mg/kg)	P (mg/kg)	K (mg/kg)	Salt (mg/kg)	TFS (%)
09/05/2023	1,823.56 *ton*	Dry-weight		68.5	15,800.00	4,100.00	21,900.00		7.80

	Yield (tons/acre)	Total N (lbs/acre)	Total P (lbs/acre)	Total K (lbs/acre)	Salt (lbs/acre)
Anticipated harvest content	30.00	240.00	45.00	198.00	0.00
Total actual harvest content	25.68	255.66	66.34	354.36	1,262.11

M&M

Field name: M&M

11/10/2022: Oats, silage-soft dough

Crop: Oats, silage-soft dough Acres planted: 15 Plant date: 11/10/2022

Harvest date	Yield	Reporting basis	Density (lbs/cu ft)	Moisture (%)	N (mg/kg)	P (mg/kg)	K (mg/kg)	Salt (mg/kg)	TFS (%)
04/22/2023	160.10 *ton*	Dry-weight		59.7	18,900.00	4,200.00	29,100.00		7.70

	Yield (tons/acre)	Total N (lbs/acre)	Total P (lbs/acre)	Total K (lbs/acre)	Salt (lbs/acre)
Anticipated harvest content	16.00	160.00	25.60	132.80	0.00
Total actual harvest content	10.67	162.59	36.13	250.34	662.41

05/17/2023: Corn, silage

Crop: Corn, silage Acres planted: 15 Plant date: 05/17/2023

Harvest date	Yield	Reporting basis	Density (lbs/cu ft)	Moisture (%)	N (mg/kg)	P (mg/kg)	K (mg/kg)	Salt (mg/kg)	TFS (%)
09/05/2023	402.36 *ton*	Dry-weight		69.4	15,400.00	3,900.00	22,300.00		7.70

	Yield (tons/acre)	Total N (lbs/acre)	Total P (lbs/acre)	Total K (lbs/acre)	Salt (lbs/acre)
Anticipated harvest content	30.00	240.00	45.00	198.00	0.00
Total actual harvest content	26.82	252.81	64.02	366.08	1,264.05

Machado

Field name: Machado

11/10/2022: Oats, silage-soft dough

Crop: Oats, silage-soft dough Acres planted: 32 Plant date: 11/10/2022

Harvest date	Yield	Reporting basis	Density (lbs/cu ft)	Moisture (%)	N (mg/kg)	P (mg/kg)	K (mg/kg)	Salt (mg/kg)	TFS (%)
04/22/2023	320.56 *ton*	Dry-weight		59.4	19,100.00	4,200.00	30,400.00		8.70

	Yield (tons/acre)	Total N (lbs/acre)	Total P (lbs/acre)	Total K (lbs/acre)	Salt (lbs/acre)
Anticipated harvest content	16.00	160.00	25.60	132.80	0.00
Total actual harvest content	10.02	155.36	34.16	247.28	707.68

05/17/2023: Corn, silage

Crop: Corn, silage Acres planted: 32 Plant date: 05/17/2023

Harvest date	Yield	Reporting basis	Density (lbs/cu ft)	Moisture (%)	N (mg/kg)	P (mg/kg)	K (mg/kg)	Salt (mg/kg)	TFS (%)
09/05/2023	893.24 *ton*	Dry-weight		69.3	15,100.00	4,200.00	22,600.00		7.60

	Yield (tons/acre)	Total N (lbs/acre)	Total P (lbs/acre)	Total K (lbs/acre)	Salt (lbs/acre)
Anticipated harvest content	30.00	240.00	45.00	198.00	0.00
Total actual harvest content	27.91	258.80	71.98	387.34	1,302.57

New Field

Field name: New Field

11/10/2022: Oats, silage-soft dough

Crop: Oats, silage-soft dough Acres planted: 30 Plant date: 11/10/2022

Harvest date	Yield	Reporting basis	Density (lbs/cu ft)	Moisture (%)	N (mg/kg)	P (mg/kg)	K (mg/kg)	Salt (mg/kg)	TFS (%)
04/22/2023	305.42 *ton*	Dry-weight		58.7	19,000.00	4,000.00	29,000.00		8.30

	Yield (tons/acre)	Total N (lbs/acre)	Total P (lbs/acre)	Total K (lbs/acre)	Salt (lbs/acre)
Anticipated harvest content	16.00	160.00	25.60	132.80	0.00
Total actual harvest content	10.18	159.78	33.64	243.87	697.97

New Field

05/17/2023: Corn, silage

Crop: Corn, silage Acres planted: 30 Plant date: 05/17/2023

Harvest date	Yield	Reporting basis	Density (lbs/cu ft)	Moisture (%)	N (mg/kg)	P (mg/kg)	K (mg/kg)	Salt (mg/kg)	TFS (%)
09/05/2023	807.56 *ton*	Dry-weight		69.6	15,400.00	4,000.00	22,800.00		7.80

	Yield (tons/acre)	Total N (lbs/acre)	Total P (lbs/acre)	Total K (lbs/acre)	Salt (lbs/acre)
Anticipated harvest content	30.00	240.00	45.00	198.00	0.00
Total actual harvest content	26.92	252.04	65.47	373.16	1,276.59

NUTRIENT BUDGET

A. LAND APPLICATIONS

Bull Field - 11/10/2022: Oats, silage-soft dough

Field name: Bull Field

Crop: Oats, silage-soft dough — Plant date: 11/10/2022

Application date	Application method	Precipitation 24 hours prior	Precipitation during application	Precipitation 24 hours following
10/26/2022	Surface (irrigation)	No precipitation	No precipitation	No precipitation

Source description	Material type	N (lbs/acre)	P (lbs/acre)	K (lbs/acre)	Salt (lbs/acre)	Amount
Lagoon Water	Process wastewater	109.76	34.39	181.19	923.44	1,450,000.00 *gal*
Irrigation Water - Canal	Surface water	0.00	0.00	0.00	39.98	5,354,325.00 *gal*
Application event totals		109.76	34.39	181.19	963.42	

03/13/2023	Surface (irrigation)	No precipitation	No precipitation	No precipitation

Source description	Material type	N (lbs/acre)	P (lbs/acre)	K (lbs/acre)	Salt (lbs/acre)	Amount
Lagoon Water	Process wastewater	107.61	47.62	150.39	1,034.60	1,560,000.00 *gal*
Irrigation Water - Canal	Surface water	0.00	0.00	0.00	39.48	5,286,975.00 *gal*
Application event totals		107.61	47.62	150.39	1,074.08	

Bull Field - 05/17/2023: Corn, silage

Field name: Bull Field

Crop: Corn, silage — Plant date: 05/17/2023

Application date	Application method	Precipitation 24 hours prior	Precipitation during application	Precipitation 24 hours following
05/07/2023	Surface (irrigation)	No precipitation	No precipitation	No precipitation

Source description	Material type	N (lbs/acre)	P (lbs/acre)	K (lbs/acre)	Salt (lbs/acre)	Amount
Irrigation Water - Canal	Surface water	0.00	0.00	0.00	43.00	5,758,425.00 *gal*
Application event totals		0.00	0.00	0.00	43.00	

Bull Field - 05/17/2023: Corn, silage

Application date	Application method	Precipitation 24 hours prior	Precipitation during application	Precipitation 24 hours following
06/19/2023	Surface (irrigation)	No precipitation	No precipitation	No precipitation

Source description	Material type	N (lbs/acre)	P (lbs/acre)	K (lbs/acre)	Salt (lbs/acre)	Amount
Irrigation Water - Canal	Surface water	0.00	0.00	0.00	43.50	5,825,775.00 *gal*
Application event totals		0.00	0.00	0.00	43.50	

Application date	Application method	Precipitation 24 hours prior	Precipitation during application	Precipitation 24 hours following
07/01/2023	Surface (irrigation)	No precipitation	No precipitation	No precipitation

Source description	Material type	N (lbs/acre)	P (lbs/acre)	K (lbs/acre)	Salt (lbs/acre)	Amount
Lagoon Water	Process wastewater	111.28	34.86	183.68	936.18	1,470,000.00 *gal*
Irrigation Water - Canal	Surface water	0.00	0.00	0.00	43.75	5,859,450.00 *gal*
Application event totals		111.28	34.86	183.68	979.93	

Application date	Application method	Precipitation 24 hours prior	Precipitation during application	Precipitation 24 hours following
07/13/2023	Surface (irrigation)	No precipitation	No precipitation	No precipitation

Source description	Material type	N (lbs/acre)	P (lbs/acre)	K (lbs/acre)	Salt (lbs/acre)	Amount
Lagoon Water	Process wastewater	100.02	44.26	139.79	961.65	1,450,000.00 *gal*
Irrigation Water - Canal	Surface water	0.00	0.00	0.00	39.98	5,354,325.00 *gal*
Application event totals		100.02	44.26	139.79	1,001.63	

Application date	Application method	Precipitation 24 hours prior	Precipitation during application	Precipitation 24 hours following
07/26/2023	Surface (irrigation)	No precipitation	No precipitation	No precipitation

Source description	Material type	N (lbs/acre)	P (lbs/acre)	K (lbs/acre)	Salt (lbs/acre)	Amount
Lagoon Water	Process wastewater	102.19	32.02	168.69	859.75	1,350,000.00 *gal*
Irrigation Water - Canal	Surface water	0.00	0.00	0.00	42.49	5,691,075.00 *gal*
Application event totals		102.19	32.02	168.69	902.25	

Application date	Application method	Precipitation 24 hours prior	Precipitation during application	Precipitation 24 hours following
08/08/2023	Surface (irrigation)	No precipitation	No precipitation	No precipitation

Source description	Material type	N (lbs/acre)	P (lbs/acre)	K (lbs/acre)	Salt (lbs/acre)	Amount
Lagoon Water	Process wastewater	28.34	9.66	56.63	518.82	1,350,000.00 *gal*
Irrigation Water - Canal	Surface water	0.00	0.00	0.00	43.50	5,825,775.00 *gal*
Application event totals		28.34	9.66	56.63	562.32	

Bull Field - 05/17/2023: Corn, silage

Application date	Application method	Precipitation 24 hours prior	Precipitation during application	Precipitation 24 hours following
08/21/2023	Pipeline	No precipitation	No precipitation	No precipitation

Source description	Material type	N (lbs/acre)	P (lbs/acre)	K (lbs/acre)	Salt (lbs/acre)	Amount
Irrigation Water - Canal	Surface water	0.00	0.00	0.00	43.00	5,758,425.00 *gal*
Application event totals		0.00	0.00	0.00	43.00	

Dairy Field - 11/10/2022: Oats, silage-soft dough

Field name: Dairy Field

Crop: Oats, silage-soft dough Plant date: 11/10/2022

Application date	Application method	Precipitation 24 hours prior	Precipitation during application	Precipitation 24 hours following
10/25/2022	Surface (irrigation)	No precipitation	No precipitation	No precipitation

Source description	Material type	N (lbs/acre)	P (lbs/acre)	K (lbs/acre)	Salt (lbs/acre)	Amount
Lagoon Water	Process wastewater	111.01	34.78	183.24	933.93	2,740,000.00 *gal*
Irrigation Water - Canal	Surface water	0.00	0.00	0.00	42.52	10,641,300.00 *gal*
Application event totals		111.01	34.78	183.24	976.46	

Application date	Application method	Precipitation 24 hours prior	Precipitation during application	Precipitation 24 hours following
03/12/2023	Surface (irrigation)	No precipitation	No precipitation	No precipitation

Source description	Material type	N (lbs/acre)	P (lbs/acre)	K (lbs/acre)	Salt (lbs/acre)	Amount
Lagoon Water	Process wastewater	102.26	45.25	142.93	983.23	2,770,000.00 *gal*
Irrigation Water - Canal	Surface water	0.00	0.00	0.00	40.78	10,203,525.00 *gal*
Application event totals		102.26	45.25	142.93	1,024.00	

Dairy Field - 05/17/2023: Corn, silage

Field name: Dairy Field

Crop: Corn, silage Plant date: 05/17/2023

Application date	Application method	Precipitation 24 hours prior	Precipitation during application	Precipitation 24 hours following

Dairy Field - 05/17/2023: Corn, silage

Application date	Application method	Precipitation 24 hours prior	Precipitation during application	Precipitation 24 hours following
05/06/2023	Surface (irrigation)	No precipitation	No precipitation	No precipitation

Source description	Material type	N (lbs/acre)	P (lbs/acre)	K (lbs/acre)	Salt (lbs/acre)	Amount
Irrigation Water - Canal	Surface water	0.00	0.00	0.00	41.31	10,338,225.00 *gal*
Application event totals		0.00	0.00	0.00	41.31	

06/18/2023	Surface (irrigation)	No precipitation	No precipitation	No precipitation

Source description	Material type	N (lbs/acre)	P (lbs/acre)	K (lbs/acre)	Salt (lbs/acre)	Amount
Irrigation Water - Canal	Surface water	0.00	0.00	0.00	40.78	10,203,525.00 *gal*
Application event totals		0.00	0.00	0.00	40.78	

06/30/2023	Surface (irrigation)	No precipitation	No precipitation	No precipitation

Source description	Material type	N (lbs/acre)	P (lbs/acre)	K (lbs/acre)	Salt (lbs/acre)	Amount
Lagoon Water	Process wastewater	117.90	36.94	194.61	991.88	2,910,000.00 *gal*
Irrigation Water - Canal	Surface water	0.00	0.00	0.00	41.04	10,270,875.00 *gal*
Application event totals		117.90	36.94	194.61	1,032.92	

07/12/2023	Surface (irrigation)	No precipitation	No precipitation	No precipitation

Source description	Material type	N (lbs/acre)	P (lbs/acre)	K (lbs/acre)	Salt (lbs/acre)	Amount
Lagoon Water	Process wastewater	119.52	37.45	197.29	1,005.51	2,950,000.00 *gal*
Irrigation Water - Canal	Surface water	0.00	0.00	0.00	41.31	10,338,225.00 *gal*
Application event totals		119.52	37.45	197.29	1,046.83	

07/25/2023	Surface (irrigation)	No precipitation	No precipitation	No precipitation

Source description	Material type	N (lbs/acre)	P (lbs/acre)	K (lbs/acre)	Salt (lbs/acre)	Amount
Lagoon Water	Process wastewater	109.65	48.52	153.25	1,054.22	2,970,000.00 *gal*
Irrigation Water - Canal	Surface water	0.00	0.00	0.00	40.78	10,203,525.00 *gal*
Application event totals		109.65	48.52	153.25	1,095.00	

Dairy Field - 05/17/2023: Corn, silage

Application date	Application method	Precipitation 24 hours prior	Precipitation during application	Precipitation 24 hours following
08/07/2023	Surface (irrigation)	No precipitation	No precipitation	No precipitation

Source description	Material type	N (lbs/acre)	P (lbs/acre)	K (lbs/acre)	Salt (lbs/acre)	Amount
Irrigation Water - Canal	Surface water	0.00	0.00	0.00	41.31	10,338,225.00 *gal*
Application event totals		0.00	0.00	0.00	41.31	

08/20/2023	Surface (irrigation)	No precipitation	No precipitation	No precipitation

Source description	Material type	N (lbs/acre)	P (lbs/acre)	K (lbs/acre)	Salt (lbs/acre)	Amount
Irrigation Water - Canal	Surface water	0.00	0.00	0.00	41.85	10,472,925.00 *gal*
Application event totals		0.00	0.00	0.00	41.85	

M&M - 11/10/2022: Oats, silage-soft dough

Field name: M&M

Crop: Oats, silage-soft dough

Plant date: 11/10/2022

Application date	Application method	Precipitation 24 hours prior	Precipitation during application	Precipitation 24 hours following
10/25/2022	Surface (irrigation)	No precipitation	No precipitation	No precipitation

Source description	Material type	N (lbs/acre)	P (lbs/acre)	K (lbs/acre)	Salt (lbs/acre)	Amount
Irrigation Water - Canal	Surface water	0.00	0.00	0.00	45.86	2,424,600.00 *gal*
Application event totals		0.00	0.00	0.00	45.86	

03/12/2023	Surface (irrigation)	No precipitation	No precipitation	No precipitation

Source description	Material type	N (lbs/acre)	P (lbs/acre)	K (lbs/acre)	Salt (lbs/acre)	Amount
Irrigation Water - Canal	Surface water	0.00	0.00	0.00	42.68	2,256,225.00 *gal*
Application event totals		0.00	0.00	0.00	42.68	

10/13/2023	Broadcast/incorporate	No precipitation	No precipitation	No precipitation

Source description	Material type	N (lbs/acre)	P (lbs/acre)	K (lbs/acre)	Salt (lbs/acre)	Amount
Solid Manure	Corral solids	217.13	52.22	178.65	0.00	84.00 *ton*
Application event totals		217.13	52.22	178.65	0.00	

M&M - 05/17/2023: Corn, silage

Field name: M&M

Crop: Corn, silage

Plant date: 05/17/2023

Application date	Application method	Precipitation 24 hours prior	Precipitation during application	Precipitation 24 hours following
04/26/2023	Broadcast/incorporate	No precipitation	No precipitation	No precipitation

Source description	Material type	N (lbs/acre)	P (lbs/acre)	K (lbs/acre)	Salt (lbs/acre)	Amount
Solid Manure	Corral solids	341.20	82.06	280.74	0.00	132.00 *ton*
Application event totals		341.20	82.06	280.74	0.00	

Application date	Application method	Precipitation 24 hours prior	Precipitation during application	Precipitation 24 hours following
05/06/2023	Surface (irrigation)	No precipitation	No precipitation	No precipitation

Source description	Material type	N (lbs/acre)	P (lbs/acre)	K (lbs/acre)	Salt (lbs/acre)	Amount
Irrigation Water - Canal	Surface water	0.00	0.00	0.00	41.40	2,188,875.00 *gal*
Application event totals		0.00	0.00	0.00	41.40	

Application date	Application method	Precipitation 24 hours prior	Precipitation during application	Precipitation 24 hours following
06/18/2023	Surface (irrigation)	No precipitation	No precipitation	No precipitation

Source description	Material type	N (lbs/acre)	P (lbs/acre)	K (lbs/acre)	Salt (lbs/acre)	Amount
Irrigation Water - Canal	Surface water	0.00	0.00	0.00	39.49	2,087,850.00 *gal*
Application event totals		0.00	0.00	0.00	39.49	

Application date	Application method	Precipitation 24 hours prior	Precipitation during application	Precipitation 24 hours following
06/30/2023	Surface (irrigation)	No precipitation	No precipitation	No precipitation

Source description	Material type	N (lbs/acre)	P (lbs/acre)	K (lbs/acre)	Salt (lbs/acre)	Amount
Irrigation Water - Canal	Surface water	0.00	0.00	0.00	40.77	2,155,200.00 *gal*
Application event totals		0.00	0.00	0.00	40.77	

Application date	Application method	Precipitation 24 hours prior	Precipitation during application	Precipitation 24 hours following
07/12/2023	Surface (irrigation)	No precipitation	No precipitation	No precipitation

Source description	Material type	N (lbs/acre)	P (lbs/acre)	K (lbs/acre)	Salt (lbs/acre)	Amount
Irrigation Water - Canal	Surface water	0.00	0.00	0.00	43.31	2,289,900.00 *gal*
Application event totals		0.00	0.00	0.00	43.31	

Application date	Application method	Precipitation 24 hours prior	Precipitation during application	Precipitation 24 hours following
07/25/2023	Surface (irrigation)	No precipitation	No precipitation	No precipitation

Source description	Material type	N (lbs/acre)	P (lbs/acre)	K (lbs/acre)	Salt (lbs/acre)	Amount
Irrigation Water - Canal	Surface water	0.00	0.00	0.00	40.13	2,121,525.00 *gal*
Application event totals		0.00	0.00	0.00	40.13	

M&M - 05/17/2023: Corn, silage

Application date	Application method	Precipitation 24 hours prior	Precipitation during application	Precipitation 24 hours following
08/07/2023	Surface (irrigation)	No precipitation	No precipitation	No precipitation

Source description	Material type	N (lbs/acre)	P (lbs/acre)	K (lbs/acre)	Salt (lbs/acre)	Amount
Irrigation Water - Canal	Surface water	0.00	0.00	0.00	42.04	2,222,550.00 *gal*
Application event totals		0.00	0.00	0.00	42.04	

08/20/2023	Surface (irrigation)	No precipitation	No precipitation	No precipitation

Source description	Material type	N (lbs/acre)	P (lbs/acre)	K (lbs/acre)	Salt (lbs/acre)	Amount
Irrigation Water - Canal	Surface water	0.00	0.00	0.00	39.49	2,087,850.00 *gal*
Application event totals		0.00	0.00	0.00	39.49	

Machado - 11/10/2022: Oats, silage-soft dough

Field name: Machado

Crop: Oats, silage-soft dough

Plant date: 11/10/2022

Application date	Application method	Precipitation 24 hours prior	Precipitation during application	Precipitation 24 hours following
10/26/2022	Surface (irrigation)	No precipitation	No precipitation	No precipitation

Source description	Material type	N (lbs/acre)	P (lbs/acre)	K (lbs/acre)	Salt (lbs/acre)	Amount
Lagoon Water	Process wastewater	103.37	32.39	170.64	869.71	1,150,000.00 *gal*
Irrigation Water - Canal	Surface water	0.00	0.00	0.00	38.52	4,344,075.00 *gal*
Application event totals		103.37	32.39	170.64	908.22	

03/13/2023	Surface (irrigation)	No precipitation	No precipitation	No precipitation

Source description	Material type	N (lbs/acre)	P (lbs/acre)	K (lbs/acre)	Salt (lbs/acre)	Amount
Lagoon Water	Process wastewater	105.17	32.95	173.61	884.83	1,170,000.00 *gal*
Irrigation Water - Canal	Surface water	0.00	0.00	0.00	39.11	4,411,425.00 *gal*
Application event totals		105.17	32.95	173.61	923.94	

Machado - 05/17/2023: Corn, silage

Machado - 05/17/2023: Corn, silage

Field name: Machado

Crop: Corn, silage

Plant date: 05/17/2023

Application date	Application method	Precipitation 24 hours prior	Precipitation during application	Precipitation 24 hours following
05/07/2023	Surface (irrigation)	No precipitation	No precipitation	No precipitation

Source description	Material type	N (lbs/acre)	P (lbs/acre)	K (lbs/acre)	Salt (lbs/acre)	Amount
Irrigation Water - Canal	Surface water	0.00	0.00	0.00	42.40	4,781,850.00 *gal*
Application event totals		0.00	0.00	0.00	42.40	

Application date	Application method	Precipitation 24 hours prior	Precipitation during application	Precipitation 24 hours following
06/19/2023	Surface (irrigation)	No precipitation	No precipitation	No precipitation

Source description	Material type	N (lbs/acre)	P (lbs/acre)	K (lbs/acre)	Salt (lbs/acre)	Amount
Irrigation Water - Canal	Surface water	0.00	0.00	0.00	41.80	4,714,500.00 *gal*
Application event totals		0.00	0.00	0.00	41.80	

Application date	Application method	Precipitation 24 hours prior	Precipitation during application	Precipitation 24 hours following
07/01/2023	Surface (irrigation)	No precipitation	No precipitation	No precipitation

Source description	Material type	N (lbs/acre)	P (lbs/acre)	K (lbs/acre)	Salt (lbs/acre)	Amount
Irrigation Water - Canal	Surface water	0.00	0.00	0.00	41.20	4,647,150.00 *gal*
Application event totals		0.00	0.00	0.00	41.20	

Application date	Application method	Precipitation 24 hours prior	Precipitation during application	Precipitation 24 hours following
07/13/2023	Surface (irrigation)	No precipitation	No precipitation	No precipitation

Source description	Material type	N (lbs/acre)	P (lbs/acre)	K (lbs/acre)	Salt (lbs/acre)	Amount
Lagoon Water	Process wastewater	119.56	37.46	197.35	1,005.83	1,330,000.00 *gal*
Irrigation Water - Canal	Surface water	0.00	0.00	0.00	42.10	4,748,175.00 *gal*
Application event totals		119.56	37.46	197.35	1,047.93	

Application date	Application method	Precipitation 24 hours prior	Precipitation during application	Precipitation 24 hours following
07/26/2023	Surface (irrigation)	No precipitation	No precipitation	No precipitation

Source description	Material type	N (lbs/acre)	P (lbs/acre)	K (lbs/acre)	Salt (lbs/acre)	Amount
Lagoon Water	Process wastewater	118.66	37.18	195.87	998.27	1,320,000.00 *gal*
Irrigation Water - Canal	Surface water	0.00	0.00	0.00	40.91	4,613,475.00 *gal*
Application event totals		118.66	37.18	195.87	1,039.18	

Machado - 05/17/2023: Corn, silage

Application date	Application method	Precipitation 24 hours prior	Precipitation during application	Precipitation 24 hours following
08/08/2023	Surface (irrigation)	No precipitation	No precipitation	No precipitation

Source description	Material type	N (lbs/acre)	P (lbs/acre)	K (lbs/acre)	Salt (lbs/acre)	Amount
Lagoon Water	Process wastewater	115.06	36.05	189.93	968.02	1,280,000.00 *gal*
Irrigation Water - Canal	Surface water	0.00	0.00	0.00	40.61	4,579,800.00 *gal*
Application event totals		115.06	36.05	189.93	1,008.63	

Application date	Application method	Precipitation 24 hours prior	Precipitation during application	Precipitation 24 hours following
08/21/2023	Surface (irrigation)	No precipitation	No precipitation	No precipitation

Source description	Material type	N (lbs/acre)	P (lbs/acre)	K (lbs/acre)	Salt (lbs/acre)	Amount
Irrigation Water - Canal	Surface water	0.00	0.00	0.00	41.20	4,647,150.00 *gal*
Application event totals		0.00	0.00	0.00	41.20	

New Field - 11/10/2022: Oats, silage-soft dough

Field name: New Field

Crop: Oats, silage-soft dough Plant date: 11/10/2022

Application date	Application method	Precipitation 24 hours prior	Precipitation during application	Precipitation 24 hours following
10/26/2022	Surface (irrigation)	No precipitation	No precipitation	No precipitation

Source description	Material type	N (lbs/acre)	P (lbs/acre)	K (lbs/acre)	Salt (lbs/acre)	Amount
Irrigation Water - Canal	Surface water	0.00	0.00	0.00	39.17	4,142,025.00 *gal*
Application event totals		0.00	0.00	0.00	39.17	

Application date	Application method	Precipitation 24 hours prior	Precipitation during application	Precipitation 24 hours following
03/13/2023	Surface (irrigation)	No precipitation	No precipitation	No precipitation

Source description	Material type	N (lbs/acre)	P (lbs/acre)	K (lbs/acre)	Salt (lbs/acre)	Amount
Irrigation Water - Canal	Surface water	0.00	0.00	0.00	40.45	4,276,725.00 *gal*
Application event totals		0.00	0.00	0.00	40.45	

Application date	Application method	Precipitation 24 hours prior	Precipitation during application	Precipitation 24 hours following
10/13/2023	Broadcast/incorporate	No precipitation	No precipitation	No precipitation

Source description	Material type	N (lbs/acre)	P (lbs/acre)	K (lbs/acre)	Salt (lbs/acre)	Amount
Solid Manure	Corral solids	217.13	52.22	178.65	0.00	168.00 *ton*
Application event totals		217.13	52.22	178.65	0.00	

New Field - 05/17/2023: Corn, silage

Field name: New Field

Crop: Corn, silage

Plant date: 05/17/2023

Application date	Application method	Precipitation 24 hours prior	Precipitation during application	Precipitation 24 hours following
04/26/2023	Broadcast/incorporate	No precipitation	No precipitation	No precipitation

Source description	Material type	N (lbs/acre)	P (lbs/acre)	K (lbs/acre)	Salt (lbs/acre)	Amount
Solid Manure	Corral solids	341.20	82.06	280.74	0.00	264.00 *ton*
Application event totals		341.20	82.06	280.74	0.00	

Application date	Application method	Precipitation 24 hours prior	Precipitation during application	Precipitation 24 hours following
05/07/2023	Surface (irrigation)	No precipitation	No precipitation	No precipitation

Source description	Material type	N (lbs/acre)	P (lbs/acre)	K (lbs/acre)	Salt (lbs/acre)	Amount
Irrigation Water - Canal	Surface water	0.00	0.00	0.00	43.00	4,546,125.00 *gal*
Application event totals		0.00	0.00	0.00	43.00	

Application date	Application method	Precipitation 24 hours prior	Precipitation during application	Precipitation 24 hours following
06/19/2023	Surface (irrigation)	No precipitation	No precipitation	No precipitation

Source description	Material type	N (lbs/acre)	P (lbs/acre)	K (lbs/acre)	Salt (lbs/acre)	Amount
Irrigation Water - Canal	Surface water	0.00	0.00	0.00	47.45	5,017,575.00 *gal*
Application event totals		0.00	0.00	0.00	47.45	

Application date	Application method	Precipitation 24 hours prior	Precipitation during application	Precipitation 24 hours following
07/01/2023	Surface (irrigation)	No precipitation	No precipitation	No precipitation

Source description	Material type	N (lbs/acre)	P (lbs/acre)	K (lbs/acre)	Salt (lbs/acre)	Amount
Irrigation Water - Canal	Surface water	0.00	0.00	0.00	44.27	4,680,825.00 *gal*
Application event totals		0.00	0.00	0.00	44.27	

Application date	Application method	Precipitation 24 hours prior	Precipitation during application	Precipitation 24 hours following
07/13/2023	Surface (irrigation)	No precipitation	No precipitation	No precipitation

Source description	Material type	N (lbs/acre)	P (lbs/acre)	K (lbs/acre)	Salt (lbs/acre)	Amount
Irrigation Water - Canal	Surface water	0.00	0.00	0.00	42.68	4,512,450.00 *gal*
Application event totals		0.00	0.00	0.00	42.68	

New Field - 05/17/2023: Corn, silage

Application date	Application method	Precipitation 24 hours prior	Precipitation during application	Precipitation 24 hours following
07/26/2023	Surface (irrigation)	No precipitation	No precipitation	No precipitation

Source description	Material type	N (lbs/acre)	P (lbs/acre)	K (lbs/acre)	Salt (lbs/acre)	Amount
Irrigation Water - Canal	Surface water	0.00	0.00	0.00	46.82	4,950,225.00 *gal*
Application event totals		0.00	0.00	0.00	46.82	

Application date	Application method	Precipitation 24 hours prior	Precipitation during application	Precipitation 24 hours following
08/08/2023	Surface (irrigation)	No precipitation	No precipitation	No precipitation

Source description	Material type	N (lbs/acre)	P (lbs/acre)	K (lbs/acre)	Salt (lbs/acre)	Amount
Irrigation Water - Canal	Surface water	0.00	0.00	0.00	44.27	4,680,825.00 *gal*
Application event totals		0.00	0.00	0.00	44.27	

Application date	Application method	Precipitation 24 hours prior	Precipitation during application	Precipitation 24 hours following
08/21/2023	Surface (irrigation)	No precipitation	No precipitation	No precipitation

Source description	Material type	N (lbs/acre)	P (lbs/acre)	K (lbs/acre)	Salt (lbs/acre)	Amount
Irrigation Water - Canal	Surface water	0.00	0.00	0.00	47.45	5,017,575.00 *gal*
Application event totals		0.00	0.00	0.00	47.45	

B. NUTRIENT BUDGET

Bull Field - 11/10/2022: Oats, silage-soft dough

Field name: Bull Field Crop: Oats, silage-soft dough Plant date: 11/10/2022

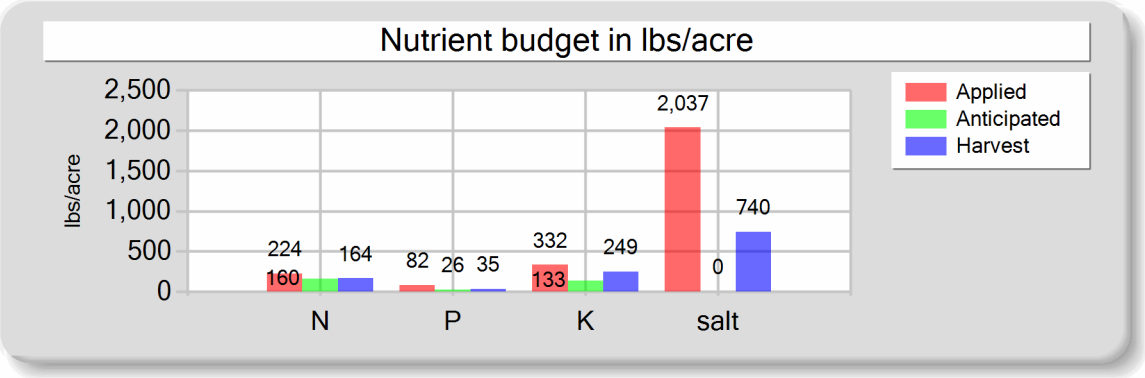

	Total N (lbs/acre)	Total P (lbs/acre)	Total K (lbs/acre)	Total salt (lbs/acre)
Existing soil nutrient content	0.00	0.00	0.00	0.00
Plowdown credit	0.00	0.00	0.00	0.00
Commercial fertilizer / Other	0.00	0.00	0.00	0.00
Dry manure	0.00	0.00	0.00	0.00
Process wastewater	217.37	82.01	331.58	1,958.04
Fresh water	0.00	0.00	0.00	79.45
Atmospheric deposition	7.00	0.00	0.00	0.00
Total nutrients applied	224.37	82.01	331.58	2,037.50
Anticipated crop nutrient removal	160.00	25.60	132.80	0.00
Actual crop nutrient removal	164.50	34.54	249.22	740.25
Nutrient balance	59.87	47.46	82.36	1,297.25
Applied to removed ratio	1.36	2.37	1.33	2.75

Fresh water applied	
10,641,300.00	*gallons*
391.88	*acre-inches*
10.31	*inches/acre*

Process wastewater applied	
3,010,000.00	*gallons*
110.85	*acre-inches*
2.92	*inches/acre*

Total harvests for the crop	
1	*harvests*

Bull Field - 05/17/2023: Corn, silage

Field name: Bull Field Crop: Corn, silage Plant date: 05/17/2023

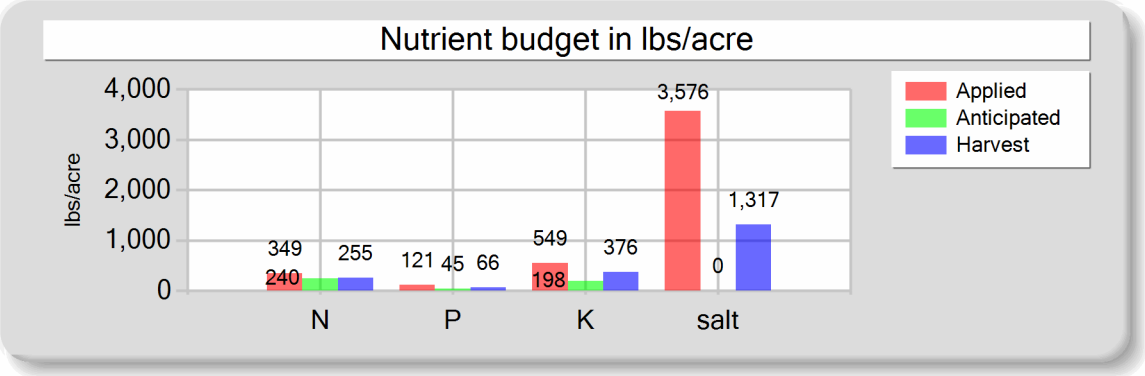

	Total N (lbs/acre)	Total P (lbs/acre)	Total K (lbs/acre)	Total salt (lbs/acre)
Existing soil nutrient content	0.00	0.00	0.00	0.00
Plowdown credit	0.00	0.00	0.00	0.00
Commercial fertilizer / Other	0.00	0.00	0.00	0.00
Dry manure	0.00	0.00	0.00	0.00
Process wastewater	341.83	120.81	548.79	3,276.40
Fresh water	0.00	0.00	0.00	299.21
Atmospheric deposition	7.00	0.00	0.00	0.00
Total nutrients applied	348.83	120.81	548.79	3,575.61
Anticipated crop nutrient removal	240.00	45.00	198.00	0.00
Actual crop nutrient removal	254.65	65.83	375.92	1,316.58
Nutrient balance	94.17	54.98	172.87	2,259.03
Applied to removed ratio	1.37	1.84	1.46	2.72

Fresh water applied	
40,073,250.00	*gallons*
1,475.76	*acre-inches*
38.84	*inches/acre*

Process wastewater applied	
5,620,000.00	*gallons*
206.97	*acre-inches*
5.45	*inches/acre*

Total harvests for the crop	
1	*harvests*

Dairy Field - 11/10/2022: Oats, silage-soft dough

Field name: Dairy Field | Crop: Oats, silage-soft dough | Plant date: 11/10/2022

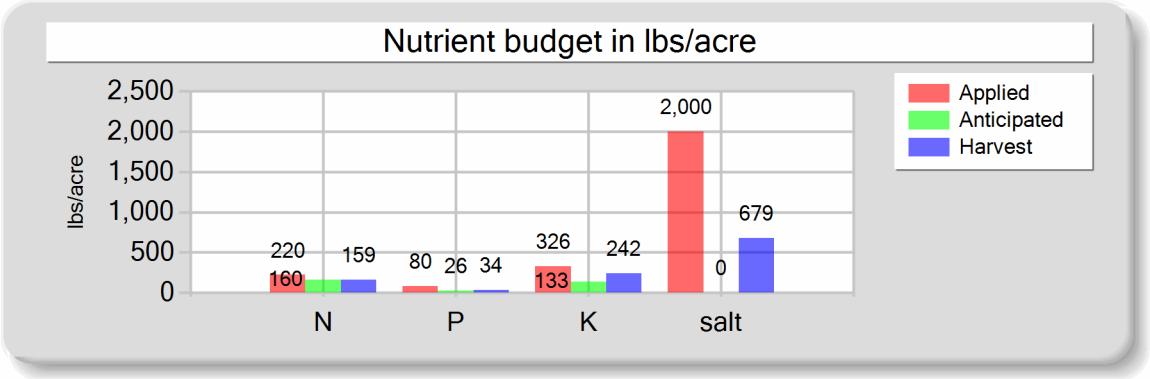

	Total N (lbs/acre)	Total P (lbs/acre)	Total K (lbs/acre)	Total salt (lbs/acre)
Existing soil nutrient content	0.00	0.00	0.00	0.00
Plowdown credit	0.00	0.00	0.00	0.00
Commercial fertilizer / Other	0.00	0.00	0.00	0.00
Dry manure	0.00	0.00	0.00	0.00
Process wastewater	213.27	80.04	326.17	1,917.16
Fresh water	0.00	0.00	0.00	83.30
Atmospheric deposition	7.00	0.00	0.00	0.00
Total nutrients applied	220.27	80.04	326.17	2,000.46
Anticipated crop nutrient removal	160.00	25.60	132.80	0.00
Actual crop nutrient removal	159.14	33.93	241.54	678.59
Nutrient balance	61.13	46.11	84.63	1,321.88
Applied to removed ratio	1.38	2.36	1.35	2.95

Fresh water applied	
20,844,825.00	*gallons*
767.64	*acre-inches*
10.81	*inches/acre*

Process wastewater applied	
5,510,000.00	*gallons*
202.91	*acre-inches*
2.86	*inches/acre*

Total harvests for the crop	
1	*harvests*

Dairy Field - 05/17/2023: Corn, silage

Field name: Dairy Field Crop: Corn, silage Plant date: 05/17/2023

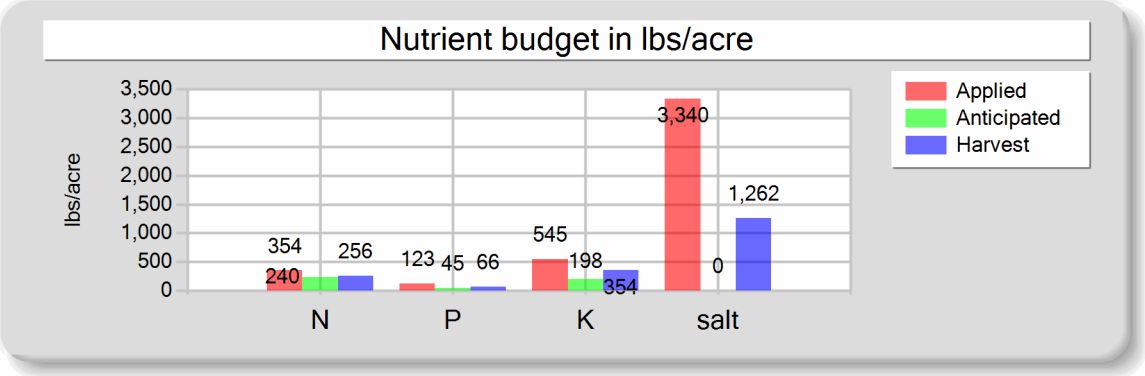

	Total N (lbs/acre)	Total P (lbs/acre)	Total K (lbs/acre)	Total salt (lbs/acre)
Existing soil nutrient content	0.00	0.00	0.00	0.00
Plowdown credit	0.00	0.00	0.00	0.00
Commercial fertilizer / Other	0.00	0.00	0.00	0.00
Dry manure	0.00	0.00	0.00	0.00
Process wastewater	347.06	122.91	545.15	3,051.61
Fresh water	0.00	0.00	0.00	288.39
Atmospheric deposition	7.00	0.00	0.00	0.00
Total nutrients applied	354.06	122.91	545.15	3,340.00
Anticipated crop nutrient removal	240.00	45.00	198.00	0.00
Actual crop nutrient removal	255.66	66.34	354.36	1,262.11
Nutrient balance	98.40	56.57	190.79	2,077.89
Applied to removed ratio	1.38	1.85	1.54	2.65

Fresh water applied	
72,165,525.00	*gallons*
2,657.61	*acre-inches*
37.43	*inches/acre*

Process wastewater applied	
8,830,000.00	*gallons*
325.18	*acre-inches*
4.58	*inches/acre*

Total harvests for the crop	
1	*harvests*

M&M - 11/10/2022: Oats, silage-soft dough

Field name: M&M Crop: Oats, silage-soft dough Plant date: 11/10/2022

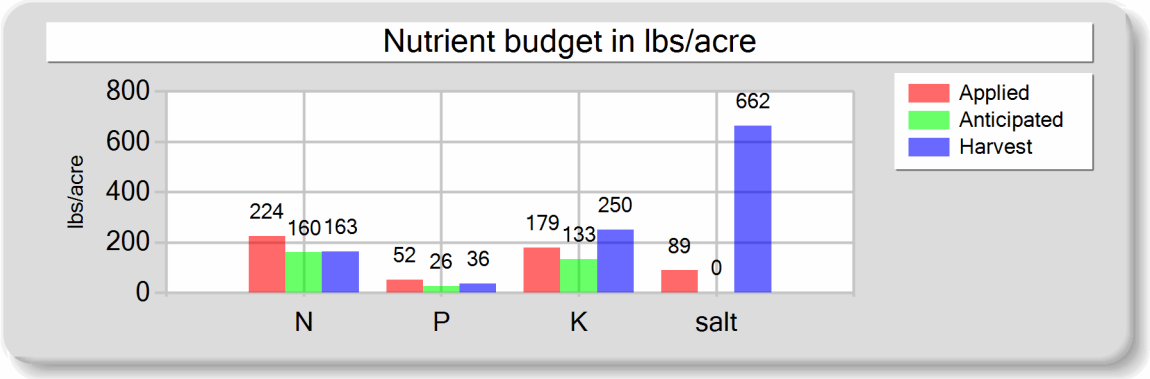

	Total N (lbs/acre)	Total P (lbs/acre)	Total K (lbs/acre)	Total salt (lbs/acre)
Existing soil nutrient content	0.00	0.00	0.00	0.00
Plowdown credit	0.00	0.00	0.00	0.00
Commercial fertilizer / Other	0.00	0.00	0.00	0.00
Dry manure	217.13	52.22	178.65	0.00
Process wastewater	0.00	0.00	0.00	0.00
Fresh water	0.00	0.00	0.00	88.54
Atmospheric deposition	7.00	0.00	0.00	0.00
Total nutrients applied	224.13	52.22	178.65	88.54
Anticipated crop nutrient removal	160.00	25.60	132.80	0.00
Actual crop nutrient removal	162.59	36.13	250.34	662.41
Nutrient balance	61.54	16.09	-71.69	-573.87
Applied to removed ratio	1.38	1.45	0.71	0.13

Fresh water applied	
4,680,825.00	*gallons*
172.38	*acre-inches*
11.49	*inches/acre*

Process wastewater applied	
0.00	*gallons*
0.00	*acre-inches*
0.00	*inches/acre*

Total harvests for the crop	
1	*harvests*

M&M - 05/17/2023: Corn, silage

Field name: M&M Crop: Corn, silage Plant date: 05/17/2023

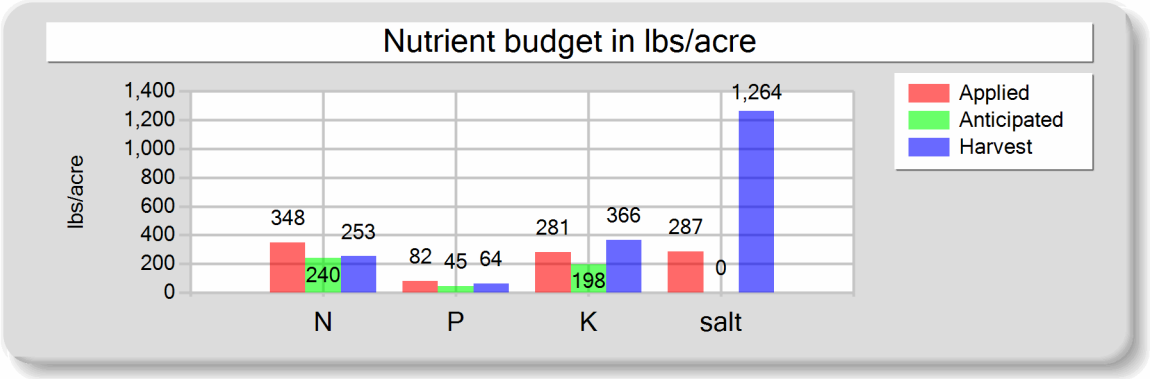

	Total N (lbs/acre)	Total P (lbs/acre)	Total K (lbs/acre)	Total salt (lbs/acre)
Existing soil nutrient content	0.00	0.00	0.00	0.00
Plowdown credit	0.00	0.00	0.00	0.00
Commercial fertilizer / Other	0.00	0.00	0.00	0.00
Dry manure	341.20	82.06	280.74	0.00
Process wastewater	0.00	0.00	0.00	0.00
Fresh water	0.00	0.00	0.00	286.64
Atmospheric deposition	7.00	0.00	0.00	0.00
Total nutrients applied	348.20	82.06	280.74	286.64
Anticipated crop nutrient removal	240.00	45.00	198.00	0.00
Actual crop nutrient removal	252.81	64.02	366.08	1,264.05
Nutrient balance	95.39	18.04	-85.35	-977.42
Applied to removed ratio	1.38	1.28	0.77	0.23

Fresh water applied	
15,153,750.00	*gallons*
558.06	*acre-inches*
37.20	*inches/acre*

Process wastewater applied	
0.00	*gallons*
0.00	*acre-inches*
0.00	*inches/acre*

Total harvests for the crop	
1	*harvests*

Machado - 11/10/2022: Oats, silage-soft dough

Field name: Machado | Crop: Oats, silage-soft dough | Plant date: 11/10/2022

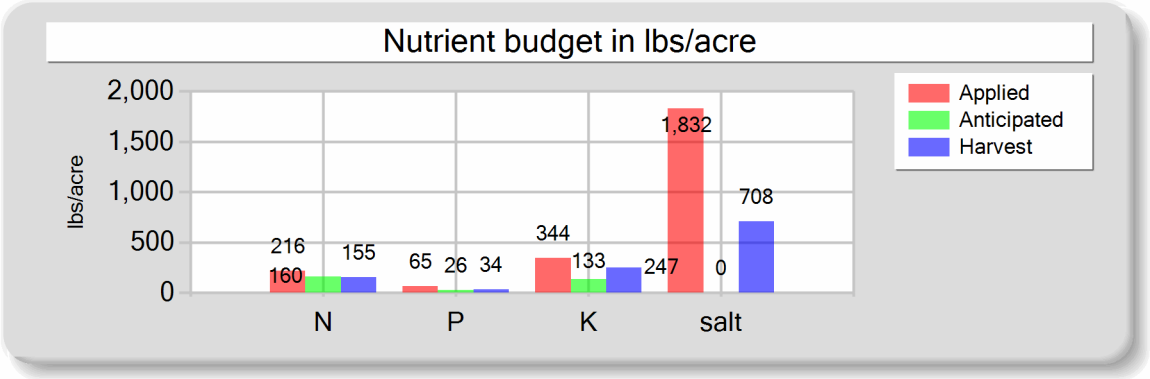

	Total N (lbs/acre)	Total P (lbs/acre)	Total K (lbs/acre)	Total salt (lbs/acre)
Existing soil nutrient content	0.00	0.00	0.00	0.00
Plowdown credit	0.00	0.00	0.00	0.00
Commercial fertilizer / Other	0.00	0.00	0.00	0.00
Dry manure	0.00	0.00	0.00	0.00
Process wastewater	208.55	65.34	344.25	1,754.54
Fresh water	0.00	0.00	0.00	77.63
Atmospheric deposition	7.00	0.00	0.00	0.00
Total nutrients applied	215.55	65.34	344.25	1,832.17
Anticipated crop nutrient removal	160.00	25.60	132.80	0.00
Actual crop nutrient removal	155.36	34.16	247.28	707.68
Nutrient balance	60.18	31.18	96.97	1,124.49
Applied to removed ratio	1.39	1.91	1.39	2.59

Fresh water applied	
8,755,500.00	*gallons*
322.44	*acre-inches*
10.08	*inches/acre*

Process wastewater applied	
2,320,000.00	*gallons*
85.44	*acre-inches*
2.67	*inches/acre*

Total harvests for the crop	
1	*harvests*

Machado - 05/17/2023: Corn, silage

Field name: Machado | Crop: Corn, silage | Plant date: 05/17/2023

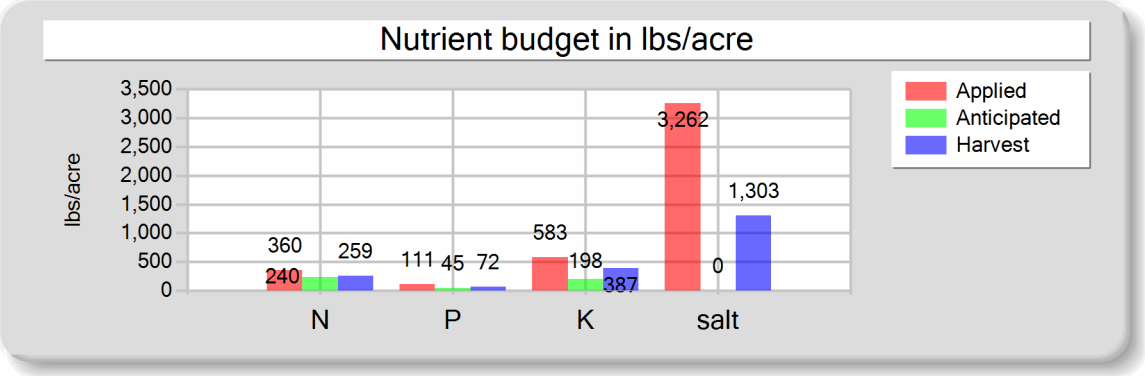

	Total N (lbs/acre)	Total P (lbs/acre)	Total K (lbs/acre)	Total salt (lbs/acre)
Existing soil nutrient content	0.00	0.00	0.00	0.00
Plowdown credit	0.00	0.00	0.00	0.00
Commercial fertilizer / Other	0.00	0.00	0.00	0.00
Dry manure	0.00	0.00	0.00	0.00
Process wastewater	353.27	110.69	583.15	2,972.12
Fresh water	0.00	0.00	0.00	290.22
Atmospheric deposition	7.00	0.00	0.00	0.00
Total nutrients applied	360.27	110.69	583.15	3,262.35
Anticipated crop nutrient removal	240.00	45.00	198.00	0.00
Actual crop nutrient removal	258.80	71.98	387.34	1,302.57
Nutrient balance	101.47	38.70	195.81	1,959.78
Applied to removed ratio	1.39	1.54	1.51	2.50

Fresh water applied	
32,732,100.00	*gallons*
1,205.41	*acre-inches*
37.67	*inches/acre*

Process wastewater applied	
3,930,000.00	*gallons*
144.73	*acre-inches*
4.52	*inches/acre*

Total harvests for the crop	
1	*harvests*

New Field - 11/10/2022: Oats, silage-soft dough

Field name: New Field Crop: Oats, silage-soft dough Plant date: 11/10/2022

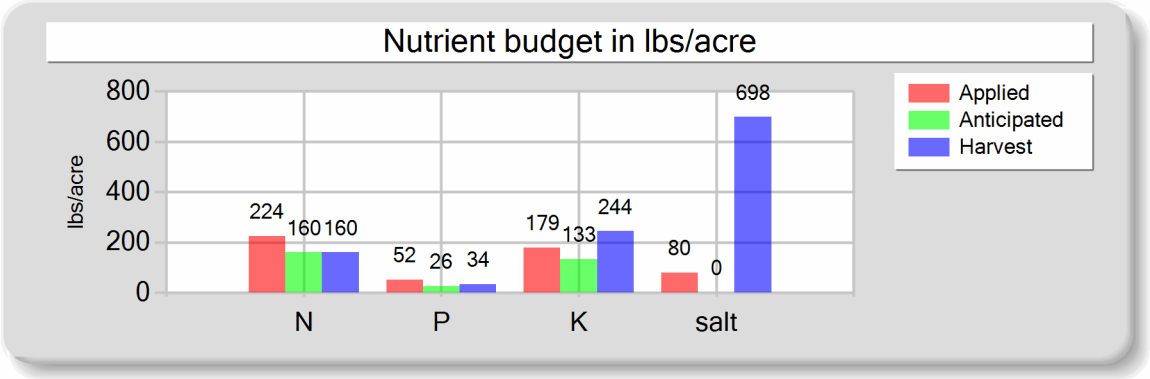

	Total N (lbs/acre)	Total P (lbs/acre)	Total K (lbs/acre)	Total salt (lbs/acre)
Existing soil nutrient content	0.00	0.00	0.00	0.00
Plowdown credit	0.00	0.00	0.00	0.00
Commercial fertilizer / Other	0.00	0.00	0.00	0.00
Dry manure	217.13	52.22	178.65	0.00
Process wastewater	0.00	0.00	0.00	0.00
Fresh water	0.00	0.00	0.00	79.62
Atmospheric deposition	7.00	0.00	0.00	0.00
Total nutrients applied	224.13	52.22	178.65	79.62
Anticipated crop nutrient removal	160.00	25.60	132.80	0.00
Actual crop nutrient removal	159.78	33.64	243.87	697.97
Nutrient balance	64.35	18.58	-65.22	-618.34
Applied to removed ratio	1.40	1.55	0.73	0.11

Fresh water applied	
8,418,750.00	*gallons*
310.03	*acre-inches*
10.33	*inches/acre*

Process wastewater applied	
0.00	*gallons*
0.00	*acre-inches*
0.00	*inches/acre*

Total harvests for the crop	
1	*harvests*

New Field - 05/17/2023: Corn, silage

Field name: New Field Crop: Corn, silage Plant date: 05/17/2023

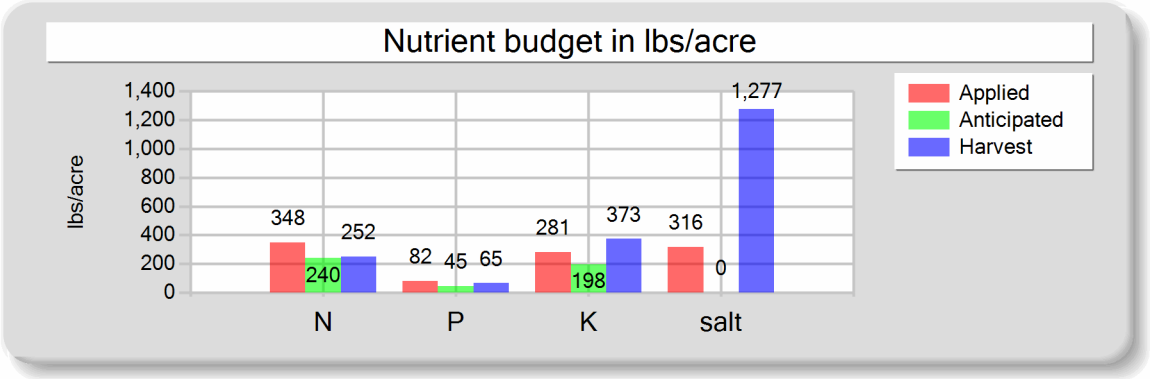

	Total N (lbs/acre)	Total P (lbs/acre)	Total K (lbs/acre)	Total salt (lbs/acre)
Existing soil nutrient content	0.00	0.00	0.00	0.00
Plowdown credit	0.00	0.00	0.00	0.00
Commercial fertilizer / Other	0.00	0.00	0.00	0.00
Dry manure	341.20	82.06	280.74	0.00
Process wastewater	0.00	0.00	0.00	0.00
Fresh water	0.00	0.00	0.00	315.94
Atmospheric deposition	7.00	0.00	0.00	0.00
Total nutrients applied	348.20	82.06	280.74	315.94
Anticipated crop nutrient removal	240.00	45.00	198.00	0.00
Actual crop nutrient removal	252.04	65.47	373.16	1,276.59
Nutrient balance	96.16	16.60	-92.42	-960.65
Applied to removed ratio	1.38	1.25	0.75	0.25

Fresh water applied	
33,405,600.00	*gallons*
1,230.21	*acre-inches*
41.01	*inches/acre*

Process wastewater applied	
0.00	*gallons*
0.00	*acre-inches*
0.00	*inches/acre*

Total harvests for the crop	
1	*harvests*

NUTRIENT ANALYSES

A. MANURE ANALYSES

Solid Manure

Sample and source description: Solid Manure

Sample date: 05/15/2023 Material type: Corral solids Source of analysis: Lab analysis Method of reporting: Dry-weight

Moisture: 7.7 %

	Total N (mg/kg)	Total P (mg/kg)	Total K (mg/kg)	Calcium (mg/kg)	Magnesium (mg/kg)	Sodium (mg/kg)	Sulfur (mg/kg)	Chloride (mg/kg)	Total salt (mg/kg)	TFS (%)
Value	7,900.00	2,300.00	9,300.00							
DL	100.00	100.00	100.00							

Solid Manure

Sample and source description: Solid Manure

Sample date: 10/11/2023 Material type: Corral solids Source of analysis: Lab analysis Method of reporting: Dry-weight

Moisture: 18.2 %

	Total N (mg/kg)	Total P (mg/kg)	Total K (mg/kg)	Calcium (mg/kg)	Magnesium (mg/kg)	Sodium (mg/kg)	Sulfur (mg/kg)	Chloride (mg/kg)	Total salt (mg/kg)	TFS (%)
Value	23,700.00	5,700.00	19,500.00							
DL	100.00	100.00	100.00							

B. PROCESS WASTEWATER ANALYSES

Lagoon Water

Sample and source description: Lagoon Water

Sample date: 02/15/2023 Material type: Process wastewater Source of analysis: Lab analysis pH: 7.20

	Kjeldahl-N (mg/L)	NH4-N (mg/L)	NH3-N (mg/L)	Nitrate-N (mg/L)	Total P (mg/L)	Total K (mg/L)	Calcium (mg/L)	Magnes. (mg/L)	Sodium (mg/L)	Bicarb. (mg/L)	Carb. (mg/L)	Sulfate (mg/L)	Chloride (mg/L)	EC (µmhos/cm)	TDS (mg/L)
Value	344.00	105.00	0.00	0.70	108.00	569.00								5,160.00	2,900
DL	1.00	0.50	0.50	0.10	0.10	0.50								0.01	10

Lagoon Water

Sample and source description: Lagoon Water

Sample date: 06/19/2023 Material type: Process wastewater Source of analysis: Lab analysis pH: 7.40

	Kjeldahl-N (mg/L)	NH4-N (mg/L)	NH3-N (mg/L)	Nitrate-N (mg/L)	Total P (mg/L)	Total K (mg/L)	Calcium (mg/L)	Magnes. (mg/L)	Sodium (mg/L)	Bicarb. (mg/L)	Carb. (mg/L)	Sulfate (mg/L)	Chloride (mg/L)	EC (µmhos/cm)	TDS (mg/L)
Value	188.00	115.00	0.00	0.50	109.00	1,090.00								4,860.00	1,270
DL	1.00	0.50	0.50	0.10	0.10	0.50								10.00	10

Lagoon Water

Sample and source description: Lagoon Water

Sample date: 09/18/2023 Material type: Process wastewater Source of analysis: Lab analysis pH: 7.60

	Kjeldahl-N (mg/L)	NH4-N (mg/L)	NH3-N (mg/L)	Nitrate-N (mg/L)	Total P (mg/L)	Total K (mg/L)	Calcium (mg/L)	Magnes. (mg/L)	Sodium (mg/L)	Bicarb. (mg/L)	Carb. (mg/L)	Sulfate (mg/L)	Chloride (mg/L)	EC (µmhos/cm)	TDS (mg/L)
Value	95.20	56.20	0.00	0.40	32.60	191.00								2,370.00	1,750
DL	1.00	0.50	1.00	0.10	0.10	0.50								10.00	10

Lagoon Water

Sample and source description: Lagoon Water

Sample date: 11/29/2023 Material type: Process wastewater Source of analysis: Lab analysis pH: 7.20

	Kjeldahl-N (mg/L)	NH4-N (mg/L)	NH3-N (mg/L)	Nitrate-N (mg/L)	Total P (mg/L)	Total K (mg/L)	Calcium (mg/L)	Magnes. (mg/L)	Sodium (mg/L)	Bicarb. (mg/L)	Carb. (mg/L)	Sulfate (mg/L)	Chloride (mg/L)	EC (µmhos/cm)	TDS (mg/L)
Value	314.00	154.00	0.00	0.10	139.00	439.00								4,540.00	3,020
DL	1.00	0.50	1.00	0.10	0.10	0.50								10.00	10

C. FRESH WATER ANALYSES

Domestic Well - Barn Well N

Domestic Well - Barn Well N

Barn Well N

Sample description: Barn Well N

Sample date: 11/15/2023 Source of analysis: Lab analysis

	Total N (mg/L)	NH4-N (mg/L)	Nitrate-N (mg/L)	Calcium (mg/L)	Magnesium (mg/L)	Sodium (mg/L)	Bicarbonate (mg/L)	Carbonate (mg/L)	Sulfate (mg/L)	Chloride (mg/L)	EC (µmhos/cm)	TDS (mg/L)
Value	3.70	0.00	3.70								295.00	
DL	0.10	1.00	0.10								10.00	

Domestic Well - Barn Well S

Barn Well S

Sample description: Barn Well S

Sample date: 11/15/2023 Source of analysis: Lab analysis

	Total N (mg/L)	NH4-N (mg/L)	Nitrate-N (mg/L)	Calcium (mg/L)	Magnesium (mg/L)	Sodium (mg/L)	Bicarbonate (mg/L)	Carbonate (mg/L)	Sulfate (mg/L)	Chloride (mg/L)	EC (µmhos/cm)	TDS (mg/L)
Value	7.20	0.00	7.20								418.00	
DL	0.10	1.00	0.10								10.00	

Domestic Well - Grif One

Grif One

Sample description: Grif One

Sample date: 11/15/2023 Source of analysis: Lab analysis

	Total N (mg/L)	NH4-N (mg/L)	Nitrate-N (mg/L)	Calcium (mg/L)	Magnesium (mg/L)	Sodium (mg/L)	Bicarbonate (mg/L)	Carbonate (mg/L)	Sulfate (mg/L)	Chloride (mg/L)	EC (µmhos/cm)	TDS (mg/L)
Value	4.30	0.00	4.30								276.00	
DL	0.10	0.10	0.10								10.00	

Domestic Well - Mash D

Domestic Well - Mash D

Mash D

Sample description: Mash D

Sample date: 11/15/2023 Source of analysis: Lab analysis

	Total N (mg/L)	NH4-N (mg/L)	Nitrate-N (mg/L)	Calcium (mg/L)	Magnesium (mg/L)	Sodium (mg/L)	Bicarbonate (mg/L)	Carbonate (mg/L)	Sulfate (mg/L)	Chloride (mg/L)	EC (µmhos/cm)	TDS (mg/L)
Value	27.80	0.00	27.80								1,150.00	
DL	0.10	0.10	0.10								10.00	

Domestic Well - MMD

MMD

Sample description: MMD

Sample date: 11/15/2023 Source of analysis: Lab analysis

	Total N (mg/L)	NH4-N (mg/L)	Nitrate-N (mg/L)	Calcium (mg/L)	Magnesium (mg/L)	Sodium (mg/L)	Bicarbonate (mg/L)	Carbonate (mg/L)	Sulfate (mg/L)	Chloride (mg/L)	EC (µmhos/cm)	TDS (mg/L)
Value	20.70	0.00	20.70								809.00	
DL	0.10	0.10	0.10								10.00	

Irrigation Water - Canal

Irrigation Water - Canal Water

Sample description: Irrigation Water - Canal Water

Sample date: 07/24/2023 Source of analysis: Lab analysis

	Total N (mg/L)	NH4-N (mg/L)	Nitrate-N (mg/L)	Calcium (mg/L)	Magnesium (mg/L)	Sodium (mg/L)	Bicarbonate (mg/L)	Carbonate (mg/L)	Sulfate (mg/L)	Chloride (mg/L)	EC (µmhos/cm)	TDS (mg/L)
Value	0.00	0.00	0.00								31.90	34
DL	1.00	0.50	0.10								10.00	10

Irrigation Water - Dairy Well

Irrigation Water - Dairy Well

Irrigation Water - Dairy Well

Sample description: Irrigation Water - Dairy Well

Sample date: 07/24/2023 Source of analysis: Lab analysis

	Total N (mg/L)	NH4-N (mg/L)	Nitrate-N (mg/L)	Calcium (mg/L)	Magnesium (mg/L)	Sodium (mg/L)	Bicarbonate (mg/L)	Carbonate (mg/L)	Sulfate (mg/L)	Chloride (mg/L)	EC (µmhos/cm)	TDS (mg/L)
Value	37.90	0.00	37.00								1,480.00	925
DL	1.00	0.50	0.10								10.00	10

D. SOIL ANALYSES

No soil analyses entered.

E. PLANT TISSUE ANALYSES

Bull Field - 11/10/2022: Oats, silage-soft dough

Bull Field

Sample and source description: Bull Field

Sample date: 04/20/2023 Source of analysis: Lab analysis Method of reporting: Dry-weight

Moisture: 58.9 %

	Total N (mg/kg)	Total P (mg/kg)	Total K (mg/kg)	Total salt (mg/kg)	TFS (%)
Value	20,000.00	4,200.00	30,300.00		9.00
DL	100.00	100.00	100.00		0.01

Bull Field - 05/17/2023: Corn, silage

Bull Field - 05/17/2023: Corn, silage

Bull Field

Sample and source description: Bull Field

Sample date: 09/05/2023 Source of analysis: Lab analysis Method of reporting: Dry-weight

Moisture: 69.2 %

	Total N (mg/kg)	Total P (mg/kg)	Total K (mg/kg)	Total salt (mg/kg)	TFS (%)
Value	14,700.00	3,800.00	21,700.00		7.60
DL	100.00	100.00	100.00		0.01

Dairy Field - 11/10/2022: Oats, silage-soft dough

Dairy Field A

Sample and source description: Dairy Field A

Sample date: 04/20/2023 Source of analysis: Lab analysis Method of reporting: Dry-weight

Moisture: 60.0 %

	Total N (mg/kg)	Total P (mg/kg)	Total K (mg/kg)	Total salt (mg/kg)	TFS (%)
Value	19,600.00	4,100.00	30,200.00		8.90
DL	100.00	100.00	100.00		0.01

Dairy Field B

Sample and source description: Dairy Field B

Sample date: 04/20/2023 Source of analysis: Lab analysis Method of reporting: Dry-weight

Moisture: 59.6 %

	Total N (mg/kg)	Total P (mg/kg)	Total K (mg/kg)	Total salt (mg/kg)	TFS (%)
Value	19,700.00	4,200.00	29,900.00		8.40
DL	100.00	100.00	100.00		0.01

Dairy Field - 05/17/2023: Corn, silage

Dairy Field - 05/17/2023: Corn, silage

Dairy Field A

Sample and source description: Dairy Field A

Sample date: 09/05/2023 Source of analysis: Lab analysis Method of reporting: Dry-weight

Moisture: 69.0 %

	Total N (mg/kg)	Total P (mg/kg)	Total K (mg/kg)	Total salt (mg/kg)	TFS (%)
Value	13,800.00	3,900.00	21,600.00		7.70
DL	100.00	100.00	100.00		0.01

Dairy Field B

Sample and source description: Dairy Field B

Sample date: 09/05/2023 Source of analysis: Lab analysis Method of reporting: Dry-weight

Moisture: 68.5 %

	Total N (mg/kg)	Total P (mg/kg)	Total K (mg/kg)	Total salt (mg/kg)	TFS (%)
Value	15,800.00	4,100.00	21,900.00		7.80
DL	100.00	100.00	100.00		0.01

M&M - 11/10/2022: Oats, silage-soft dough

M & M

Sample and source description: M & M

Sample date: 04/20/2023 Source of analysis: Lab analysis Method of reporting: Dry-weight

Moisture: 59.7 %

	Total N (mg/kg)	Total P (mg/kg)	Total K (mg/kg)	Total salt (mg/kg)	TFS (%)
Value	18,900.00	4,200.00	29,100.00		7.70
DL	100.00	100.00	100.00		0.01

M&M - 05/17/2023: Corn, silage

M&M - 05/17/2023: Corn, silage

M & M

Sample and source description: M & M

Sample date: 09/05/2023 Source of analysis: Lab analysis Method of reporting: Dry-weight

Moisture: 69.4 %

	Total N (mg/kg)	Total P (mg/kg)	Total K (mg/kg)	Total salt (mg/kg)	TFS (%)
Value	15,400.00	3,900.00	22,300.00		7.70
DL	100.00	100.00	100.00		0.01

Machado - 11/10/2022: Oats, silage-soft dough

Machado

Sample and source description: Machado

Sample date: 04/20/2023 Source of analysis: Lab analysis Method of reporting: Dry-weight

Moisture: 59.4 %

	Total N (mg/kg)	Total P (mg/kg)	Total K (mg/kg)	Total salt (mg/kg)	TFS (%)
Value	19,100.00	4,200.00	30,400.00		8.70
DL	100.00	100.00	100.00		0.01

Machado - 05/17/2023: Corn, silage

Machado

Sample and source description: Machado

Sample date: 09/05/2023 Source of analysis: Lab analysis Method of reporting: Dry-weight

Moisture: 69.3 %

	Total N (mg/kg)	Total P (mg/kg)	Total K (mg/kg)	Total salt (mg/kg)	TFS (%)
Value	15,100.00	4,200.00	22,600.00		7.60
DL	100.00	100.00	100.00		0.01

New Field - 11/10/2022: Oats, silage-soft dough

New Field

Sample and source description: New Field

Sample date: 04/20/2023 Source of analysis: Lab analysis Method of reporting: Dry-weight

Moisture: 58.7 %

	Total N (mg/kg)	Total P (mg/kg)	Total K (mg/kg)	Total salt (mg/kg)	TFS (%)
Value	19,000.00	4,000.00	29,000.00		8.30
DL	100.00	100.00	100.00		0.01

New Field - 05/17/2023: Corn, silage

New Field

Sample and source description: New Field

Sample date: 09/05/2023 Source of analysis: Lab analysis Method of reporting: Dry-weight

Moisture: 69.6 %

	Total N (mg/kg)	Total P (mg/kg)	Total K (mg/kg)	Total salt (mg/kg)	TFS (%)
Value	15,400.00	4,000.00	22,800.00		7.80
DL	100.00	100.00	100.00		0.01

F. SUBSURFACE (TILE) DRAINAGE ANALYSES

No subsurface (tile) drainage analyses entered.

NUTRIENT APPLICATIONS, POTENTIAL REMOVAL, AND BALANCE

A. SUMMARY OF NUTRIENT APPLICATIONS, POTENTIAL REMOVAL, AND BALANCE

	Total N (lbs)	Total P (lbs)	Total K (lbs)	Total salt (lbs)
Existing soil nutrient content	0.00	0.00	0.00	0.00
Plowdown credit	0.00	0.00	0.00	0.00
Commercial fertilizer / Other	0.00	0.00	0.00	0.00
Dry manure	25,125.03	6,042.73	20,672.50	0.00
Process wastewater	79,011.29	27,748.96	124,994.58	702,945.25
Fresh water	0.00	0.00	0.00	70,044.83
Atmospheric deposition	2,604.00	0.00	0.00	0.00
Total nutrients applied	106,740.32	33,791.69	145,667.08	772,990.08
Anticipated crop nutrient removal	74,400.00	13,131.60	61,528.80	0.00
Actual crop nutrient removal	77,217.66	18,805.58	114,129.40	368,410.13
Nutrient balance	29,522.66	14,986.11	31,537.68	404,579.95
Applied to removed ratio	1.38	1.80	1.28	2.10

B. POUNDS OF NUTRIENT APPLIED VS. CROP REMOVAL

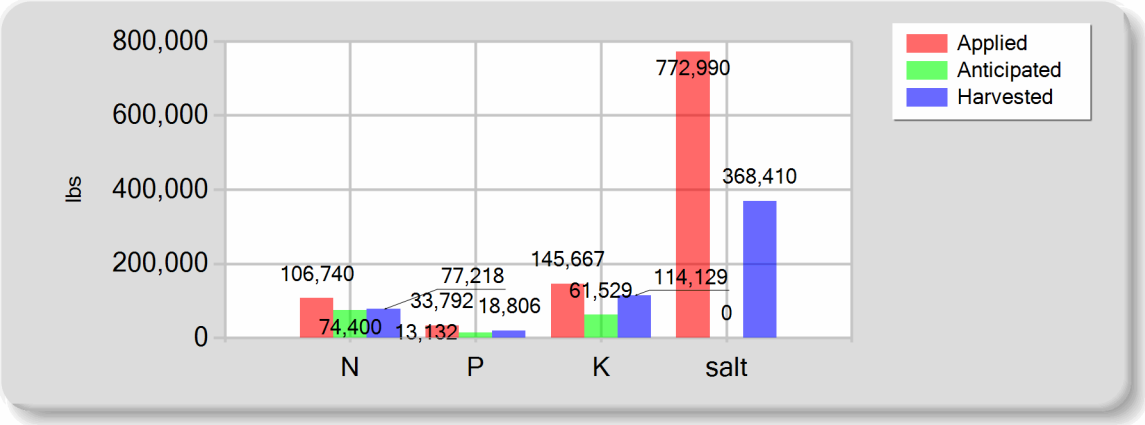

C. POUNDS OF NUTRIENT APPLIED BY MATERIAL TYPE

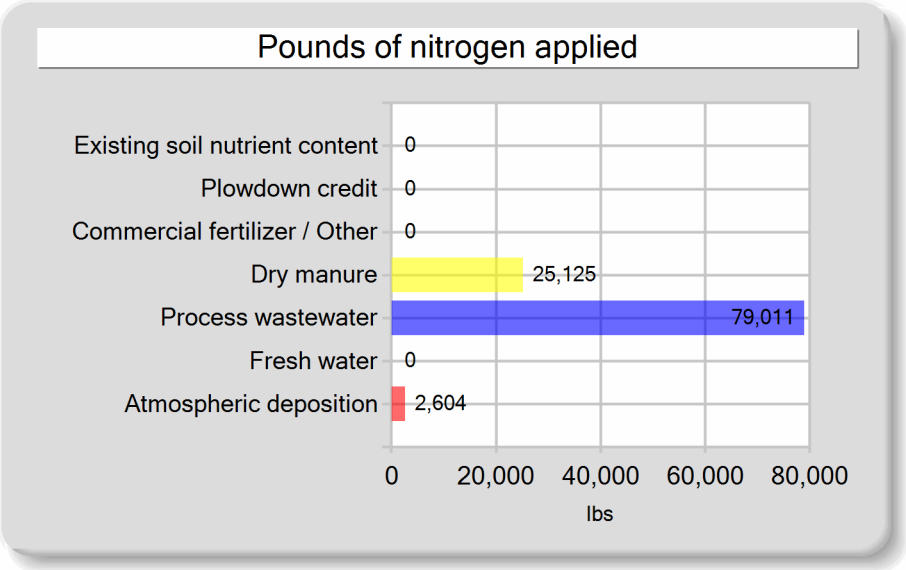

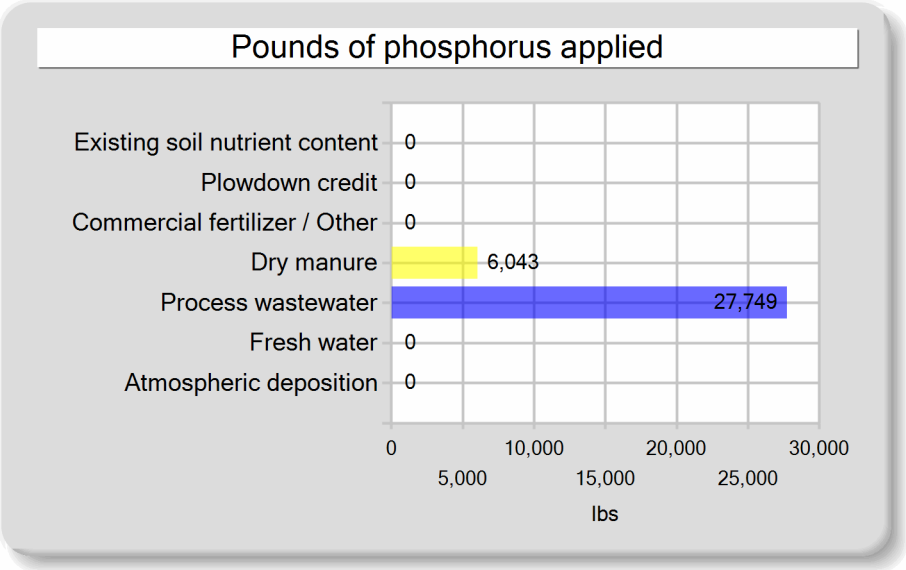

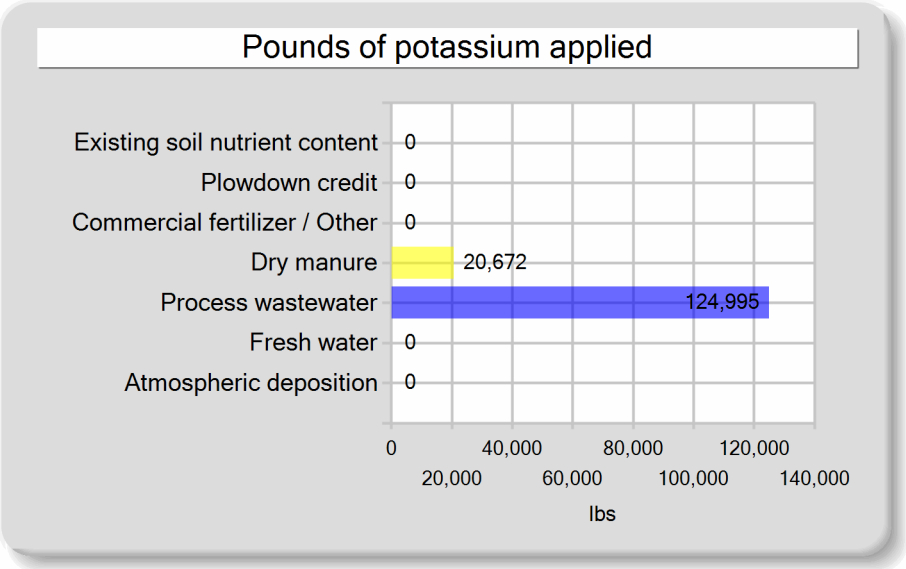

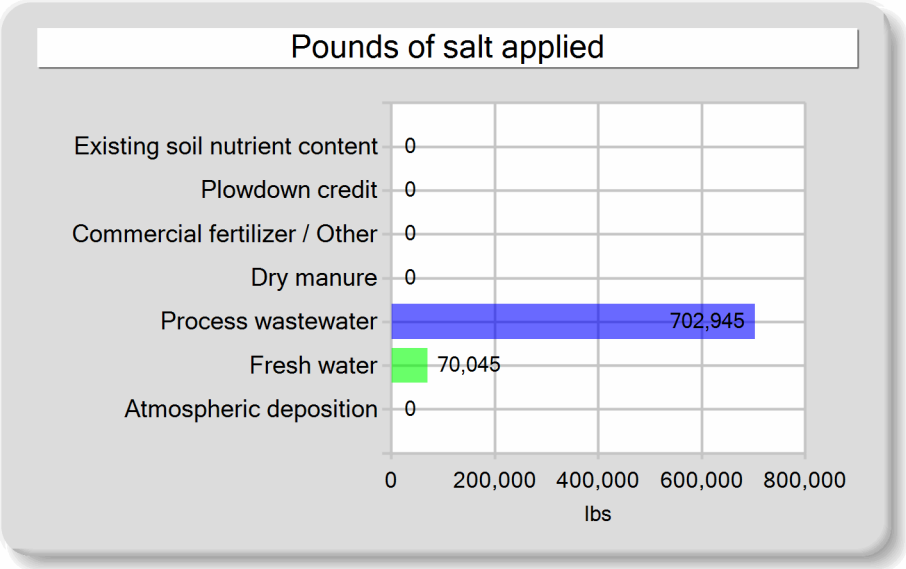

EXCEPTION REPORTING

A. MANURE, PROCESS WASTEWATER, AND OTHER DAIRY WASTE DISCHARGES

The following is a summary of all manure and process wastewater discharges from the production area to surface water or to land areas (land application areas or otherwise) when not in accordance with the facility's Nutrient Management Plan.

No manure or process wastewater discharges occurred during the reporting period.

B. STORM WATER DISCHARGES

The following is a summary of all storm water discharges from the production area to surface water during the reporting period when not in accordance with the facility 's Nutrient Management Plan.

No stormwater discharges occurred during the reporting period.

C. LAND APPLICATION AREA TO SURFACE WATER DISCHARGES

The following is a summary of all discharges from the land application area to surface water that have occurred during the reporting period when not in accordance with the facility's Nutrient Management Plan.

No land application area to surface water discharges occurred during the reporting period.

NUTRIENT MANAGEMENT PLAN AND EXPORT AGREEMENT STATEMENTS

A. NUTRIENT MANAGEMENT PLAN STATEMENTS

Was the facility's NMP updated in the reporting period?	Yes
Was the facility's NMP developed by a certified nutrient management planner (specialist) as specified in Attachment C of the General Order?	Yes
Was the facility's NMP approved by a certified nutrient management planner (specialist) as specified in Attachment C of the General Order?	Yes

B. EXPORT AGREEMENT STATEMENT

Are there any written agreements with third parties to receive manure or process wastewater that are new or were revised within the reporting period?	No

ADDITIONAL NOTES

A. NOTES

No notes entered for this annual report.

CERTIFICATION

A. OWNER AND/OR OPERATOR CERTIFICATION

I certify under penalty of law that I have personally examined and am familiar with the information submitted in this document and all attachments and that, based on my inquiry of those individuals immediately responsible for obtaining the information, I believe that the information is true, accurate, and complete. I am aware that there are significant penalties for submitting false information, including the possibility of fine and imprisonment.

Joey Rocha (Jun 20, 2024 15:19 PDT)

SIGNATURE OF OWNER OF FACILITY	SIGNATURE OF OPERATOR OF FACILITY
Joey Rocha	SAME AS OWNER
PRINT OR TYPE NAME	PRINT OR TYPE NAME
06/20/2024	
DATE	DATE

ATTACHMENT D

Manure Tracking Manifest
For
Existing Milk Cow Dairies

Instructions:

1) Complete one manifest for each hauling event, for each destination. A hauling event may last for several days, as long as the manure is being hauled to the same destination.
2) If there are multiple destinations, **complete a separate form for each destination**.
3) The operator must obtain the signature of the hauler upon completion of each manure-hauling event.
4) The operator shall submit copies of manure/process wastewater tracking manifest(s) with the Annual Monitoring Report for Existing Milk Cow Dairies.

Operator Information:

Name of Operator: **Joey Rocha**

Name of Dairy Facility: **Joe O. Rocha Dairy, Inc.**

Facility Address: **18451 W. Bradbury Road, Turlock, CA 95380**

Contact Person Name and Phone Number: **Joey Rocha (209) 652-4419**

Manure Hauler Information:

Name of Hauling Company/Person: **Joe O. Rocha Dairy, Inc.**

Address of Hauling Company /Person: **18451 W. Bradbury Road, Turlock, CA 95380**

Contact Person and Phone Number: **Joey Rocha (209) 652-4419**

Destination Information:

Composting Facility / Broker / Farmer / Other (identify) **Farmer** (please circle one)

Contact information of Composting Facility, Broker, Farmer, or Other (as identified above):

Name	Number and Street	City	Zip Code	Phone Number
Ramos	**19261 W. Bradbury Road**	**Turlock**	**95380**	**(209) 667-5718**

Manure/Process Wastewater Destination Address or Assessor's Parcel Number:

Number and Street	City	Zip Code	Assessor's Parcel Number
Merced County			**APN#: 0041-0050-0034-0000; 0041-0050-0035-0000**

Dates Hauled: **10/24/2023**

Amount Hauled:

Enter the amount of manure hauled in tons or cubic yards (indicate the units used), the manure solids content (if amount reported in tons) or manure density (if amount reported in cubic yards), and the method used to calculate the amount:

Manure: **600** Tons

Manure Solids Content (if amount reported in tons): **87.8%**

Method used to determine amount of manure: _____

Number of Truckloads x Average Truck Weight

Enter the amount of process wastewater hauled in gallons and the method used to determine the amount.

Process Wastewater: **N/A** Gallons

Method used to determine volume of process wastewater: **N/A**

Written Agreement:

****NOT NECESSARY FOR SOLID MANURE MANIFEST****

Certification:
I declare under the penalty of law that I personally examined and am familiar with the information submitted in this document, and that based on my inquiry of those individuals immediately responsible for obtaining the information, I believe that the information is true, accurate, and complete. I am aware that there are significant penalties for submitting false information, including the possibility of a fine and imprisonment for knowing violations.

Operator's Signature: Joey Rocha (Jun 20, 2024 15:19 PDT) Date: 06/20/2024

Hauler's Signature: Joey Rocha (Jun 20, 2024 15:19 PDT) Date: 06/20/2024

ATTACHMENT D

Manure Tracking Manifest
For
Existing Milk Cow Dairies

Instructions:

1) Complete one manifest for each hauling event, for each destination. A hauling event may last for several days, as long as the manure is being hauled to the same destination.
2) If there are multiple destinations, **complete a separate form for each destination**.
3) The operator must obtain the signature of the hauler upon completion of each manure-hauling event.
4) The operator shall submit copies of manure/process wastewater tracking manifest(s) with the Annual Monitoring Report for Existing Milk Cow Dairies.

Operator Information:

Name of Operator: **Joey Rocha**

Name of Dairy Facility: **Joe O. Rocha Dairy, Inc.**

Facility Address: **18451 W. Bradbury Road, Turlock, CA 95380**

Contact Person Name and Phone Number: **Joey Rocha (209) 652-4419**

Manure Hauler Information:

Name of Hauling Company/Person: **Joe O. Rocha Dairy, Inc.**

Address of Hauling Company /Person: **18451 W. Bradbury Road, Turlock, CA 95380**

Contact Person and Phone Number: **Joey Rocha (209) 652-4419**

Destination Information:

Composting Facility / Broker / Farmer / Other (identify) **Farmer** (please circle one)

Contact information of Composting Facility, Broker, Farmer, or Other (as identified above):

Name	Number and Street	City	Zip Code	Phone Number
JR Farms	18451 W. Bradbury Road	Turlock	95380	(209) 652-4419

Manure/Process Wastewater Destination Address or Assessor's Parcel Number:

Number and Street	City	Zip Code	Assessor's Parcel Number
Merced County			APN#: 0041-0030-0011-

Dates Hauled: **10/26/23**

Amount Hauled:

Enter the amount of manure hauled in tons or cubic yards (indicate the units used), the manure solids content (if amount reported in tons) or manure density (if amount reported in cubic yards), and the method used to calculate the amount:

Manure: **1,000** Tons

Manure Solids Content (if amount reported in tons): **87.8%**

Method used to determine amount of manure: _____

Number of Truckloads x Average Truck Weight

Enter the amount of process wastewater hauled in gallons and the method used to determine the amount.

Process Wastewater: **N/A** Gallons

Method used to determine volume of process wastewater: **N/A**

Written Agreement:

****NOT NECESSARY FOR SOLID MANURE MANIFEST****

Certification:
I declare under the penalty of law that I personally examined and am familiar with the information submitted in this document, and that based on my inquiry of those individuals immediately responsible for obtaining the information, I believe that the information is true, accurate, and complete. I am aware that there are significant penalties for submitting false information, including the possibility of a fine and imprisonment for knowing violations.

Operator's Signature: Joey Rocha (Jun 20, 2024 15:19 PDT) Date: 06/20/2024

Hauler's Signature: Joey Rocha (Jun 20, 2024 15:19 PDT) Date: 06/20/2024

DELLAVALLE™
LABORATORY INC

R & J Avila Inc
8119 Ellington Ave
Hilmar, CA 95324

Account# 00-0019840
Account Manager: Ben Nydam
Submitted By: Rui & John Avila
Ranch: Joe O. Rocha

Received: 07/25/2023 16:30
Reported: 07/31/2023 10:28

Samples in this Report

Lab ID	Sample	Matrix	Sampled By	Crop	Date Sampled
23G1768-01	Canal	Ag Water	T. Madruga		07/24/2023 15:00
23G1768-02	Dairy Irrigation Well	Ag Water	T. Madruga		07/24/2023 16:00

Default Cooler Temperature on Receipt °C: -3.8
Containers Intact
COC/Labels Agree
Received On Ice

Notes and Definitions

Item	Definition
H	Hold Time Exceeded
MCL	Drinking Water Maximum Contaminant Level
ND	Analyte NOT DETECTED at or above the reporting limit.
NES	Not Enough Sample
*	Not Taken
RPD	Relative Percent Difference
%REC	Percent Recovery
Source	Sample that was matrix spiked or duplicated.

Scott McFriedland

Laboratory Director/Technical Manager

ELAP Certification #1595
A2LA Certification #6440.02

The results in this report apply to the samples as received and were analyzed in accordance with the chain of custody document. This analytical report must be reproduced in its entirety. All results listed in this report are for the exclusive use of the submitting party. Dellavalle Laboratory, Inc. assumes no responsibility for report alteration, separation, detachment or third party interpretation.

DELLAVALLE™
LABORATORY INC

R & J Avila Inc
8119 Ellington Ave
Hilmar, CA 95324

Account# 00-0019840
Account Manager: Ben Nydam
Submitted By: Rui & John Avila
Ranch: Joe O. Rocha

Received: 07/25/2023 16:30
Reported: 07/31/2023 10:28

Sample Results

Sample: Canal
23G1768-01 (Water)

Sampled: 7/24/2023 15:00
Sampled By: T. Madruga

Analyte	Result	Units	Reporting Limit	DIL	DW MCL	Date/Time Analyzed	Method	Notes	Batch
Electrical Conductivity	**0.03**	mmhos/cm	0.01	1		07/28/23 12:08	SM 2510 B		BEG0955
Electrical Conductivity umhos	**31.9**	umhos/cm	10.0	1		07/28/23 12:08	SM 2510 B		BEG0955
Nitrate Nitrogen as NO3N	ND	mg/L	0.1	1	10	07/25/23 20:14	EPA 300.0		BEG0912
pH	**6.7**	units	1.0	1		07/28/23 12:08	SM 4500-H+	H	BEG0955
Total Filterable Solids (TDS)	**34.0**	mg/L	10.0	1		07/28/23 15:53	SM 2540 C		BEG0941
Temperature	**25.0**	°C	0.0	1		07/28/23 12:08	SM 2510 B		BEG0955
Kjeldahl Nitrogen (TKN), Total	ND	mg/L	1.00	1		07/27/23 15:20	SM 4500-NH3 C		BEG0965
Total Nitrogen	ND	mg/L	1.00	1		07/27/23 15:20	SM 4500-NH3 C		BEG0965

The results in this report apply to the samples as received and were analyzed in accordance with the chain of custody document. This analytical report must be reproduced in its entirety. All results listed in this report are for the exclusive use of the submitting party. Dellavalle Laboratory, Inc. assumes no responsibility for report alteration, separation, detachment or third party interpretation.

DELLAVALLE™
LABORATORY INC

R & J Avila Inc
8119 Ellington Ave
Hilmar, CA 95324

Account# 00-0019840
Account Manager: Ben Nydam
Submitted By: Rui & John Avila
Ranch: Joe O. Rocha

Received: 07/25/2023 16:30
Reported: 07/31/2023 10:28

Sample Results
(Continued)

Sample: Dairy Irrigation Well
23G1768-02 (Water)

Sampled: 7/24/2023 16:00
Sampled By: T. Madruga

Analyte	Result	Units	Reporting Limit	DIL	DW MCL	Date/Time Analyzed	Method	Notes	Batch
Electrical Conductivity	**1.48**	mmhos/cm	0.01	1		07/28/23 12:09	SM 2510 B		BEG0955
Electrical Conductivity umhos	**1480**	umhos/cm	10.0	1		07/28/23 12:09	SM 2510 B		BEG0955
Nitrate Nitrogen as NO3N	**37.0**	mg/L	0.1	1	10	07/25/23 20:35	EPA 300.0		BEG0912
pH	**7.1**	units	1.0	1		07/28/23 12:09	SM 4500-H+	H	BEG0955
Total Filterable Solids (TDS)	**925**	mg/L	10.0	1		07/28/23 15:53	SM 2540 C		BEG0941
Temperature	**25.0**	°C	0.0	1		07/28/23 12:09	SM 2510 B		BEG0955
Kjeldahl Nitrogen (TKN), Total	ND	mg/L	1.00	1		07/27/23 15:21	SM 4500-NH3 C		BEG0965
Total Nitrogen	**37.9**	mg/L	1.00	1		07/27/23 15:21	SM 4500-NH3 C		BEG0965

The results in this report apply to the samples as received and were analyzed in accordance with the chain of custody document. This analytical report must be reproduced in its entirety. All results listed in this report are for the exclusive use of the submitting party. Dellavalle Laboratory, Inc. assumes no responsibility for report alteration, separation, detachment or third party interpretation.

DELLAVALLE™
LABORATORY INC

R & J Avila Inc
8119 Ellington Ave
Hilmar, CA 95324

Account# 00-0019840
Account Manager: Ben Nydam
Submitted By: Rui & John Avila
Ranch: Joe O. Rocha

Received: 07/25/2023 16:30
Reported: 07/31/2023 10:28

Quality Control

Analyte	Result	Qual	Reporting Limit	Units	Spike Level	Source Result	%REC	%REC Limits	RPD	RPD Limit
Batch: BEG0912										
Blank (BEG0912-BLK1)					Prepared & Analyzed: 7/25/2023					
Nitrate Nitrogen as NO3N	ND		0.1	mg/L						
Blank (BEG0912-BLK2)					Prepared & Analyzed: 7/25/2023					
Nitrate Nitrogen as NO3N	ND		0.1	mg/L						
Blank (BEG0912-BLK3)					Prepared: 7/25/2023 Analyzed: 7/26/2023					
Nitrate Nitrogen as NO3N	ND		0.1	mg/L						
LCS (BEG0912-BS1)					Prepared: 7/25/2023 Analyzed: 7/26/2023					
Nitrate Nitrogen as NO3N	4.9		0.1	mg/L	5.000		98.1	90-110		
LCS (BEG0912-BS2)					Prepared: 7/25/2023 Analyzed: 7/26/2023					
Nitrate Nitrogen as NO3N	4.8		0.1	mg/L	5.000		96.3	90-110		
Duplicate (BEG0912-DUP1)		**Source: 23G1769-01**			Prepared: 7/25/2023 Analyzed: 7/26/2023					
Nitrate Nitrogen as NO3N	3.7		0.1	mg/L		3.6			1.18	10
Duplicate (BEG0912-DUP2)		**Source: 23G1769-03**			Prepared: 7/25/2023 Analyzed: 7/26/2023					
Nitrate Nitrogen as NO3N	2.0		0.1	mg/L		2.0			1.55	10
Matrix Spike (BEG0912-MS1)		**Source: 23G1769-01**			Prepared & Analyzed: 7/25/2023					
Nitrate Nitrogen as NO3N	8.6		0.1	mg/L	5.000	3.6	98.8	90-110		
Matrix Spike (BEG0912-MS2)		**Source: 23G1769-03**			Prepared: 7/25/2023 Analyzed: 7/26/2023					
Nitrate Nitrogen as NO3N	6.9		0.1	mg/L	5.000	2.0	97.4	90-110		
Reference (BEG0912-SRM1)					Prepared & Analyzed: 7/25/2023					
Nitrate Nitrogen as NO3N	9.6			mg/L	10.00		95.5	90-110		
Reference (BEG0912-SRM2)					Prepared: 7/25/2023 Analyzed: 7/26/2023					
Nitrate Nitrogen as NO3N	9.6			mg/L	10.00		95.7	90-110		
Reference (BEG0912-SRM3)					Prepared: 7/25/2023 Analyzed: 7/26/2023					
Nitrate Nitrogen as NO3N	9.6			mg/L	10.00		95.8	90-110		

The results in this report apply to the samples as received and were analyzed in accordance with the chain of custody document. This analytical report must be reproduced in its entirety. All results listed in this report are for the exclusive use of the submitting party. Dellavalle Laboratory, Inc. assumes no responsibility for report alteration, separation, detachment or third party interpretation.

DELLAVALLE™
LABORATORY INC

R & J Avila Inc
8119 Ellington Ave
Hilmar, CA 95324

Account# 00-0019840
Account Manager: Ben Nydam
Submitted By: Rui & John Avila
Ranch: Joe O. Rocha

Received: 07/25/2023 16:30
Reported: 07/31/2023 10:28

Quality Control
(Continued)

Analyte	Result	Qual	Reporting Limit	Units	Spike Level	Source Result	%REC	%REC Limits	RPD	RPD Limit
Batch: BEG0941										
Blank (BEG0941-BLK1)					Prepared: 7/25/2023	Analyzed: 7/28/2023				
Total Filterable Solids (TDS)	ND		10.0	mg/L						
LCS (BEG0941-BS1)					Prepared: 7/25/2023	Analyzed: 7/28/2023				
Total Filterable Solids (TDS)	37.5		10.0	mg/L	2000		1.88	0-200		
Duplicate (BEG0941-DUP1)		**Source: 23G1523-01**			Prepared: 7/25/2023	Analyzed: 7/28/2023				
Total Filterable Solids (TDS)	2830		10.0	mg/L		2750			2.87	10
Duplicate (BEG0941-DUP2)		**Source: 23G1819-02**			Prepared: 7/25/2023	Analyzed: 7/28/2023				
Total Filterable Solids (TDS)	313		10.0	mg/L		337			7.18	10
Reference (BEG0941-SRM1)					Prepared: 7/25/2023	Analyzed: 7/28/2023				
Total Filterable Solids (TDS)	353			mg/L	325.0		109	90-110		
Reference (BEG0941-SRM2)					Prepared: 7/25/2023	Analyzed: 7/28/2023				
Total Filterable Solids (TDS)	530			mg/L	495.0		107	90-110		

The results in this report apply to the samples as received and were analyzed in accordance with the chain of custody document. This analytical report must be reproduced in its entirety. All results listed in this report are for the exclusive use of the submitting party. Dellavalle Laboratory, Inc. assumes no responsibility for report alteration, separation, detachment or third party interpretation.

DELLAVALLE™ LABORATORY INC

R & J Avila Inc
8119 Ellington Ave
Hilmar, CA 95324

Account# 00-0019840
Account Manager: Ben Nydam
Submitted By: Rui & John Avila
Ranch: Joe O. Rocha

Received: 07/25/2023 16:30
Reported: 07/31/2023 10:28

Quality Control
(Continued)

Analyte	Result	Qual	Reporting Limit	Units	Spike Level	Source Result	%REC	%REC Limits	RPD	RPD Limit
Batch: BEG0955										
Blank (BEG0955-BLK1)					Prepared: 7/26/2023	Analyzed: 7/28/2023				
Electrical Conductivity	ND		0.01	mmhos/cm						
pH	5.2		1.0	units						
Electrical Conductivity umhos	ND		10.0	umhos/cm						
Temperature	25.0		0.0	°C						
Blank (BEG0955-BLK2)					Prepared: 7/26/2023	Analyzed: 7/28/2023				
Electrical Conductivity	ND		0.01	mmhos/cm						
pH	5.4		1.0	units						
Electrical Conductivity umhos	ND		10.0	umhos/cm						
Temperature	25.0		0.0	°C						
Blank (BEG0955-BLK3)					Prepared: 7/26/2023	Analyzed: 7/28/2023				
pH	5.4		1.0	units						
Electrical Conductivity	ND		0.01	mmhos/cm						
Temperature	25.0		0.0	°C						
Electrical Conductivity umhos	ND		10.0	umhos/cm						
Duplicate (BEG0955-DUP1)		**Source: 23G1769-02**			Prepared: 7/26/2023	Analyzed: 7/28/2023				
pH	7.8		1.0	units		7.9			0.508	10
Electrical Conductivity	0.15		0.01	mmhos/cm		0.16			1.36	10
Electrical Conductivity umhos	153		10.0	umhos/cm		155			1.36	10
Duplicate (BEG0955-DUP2)		**Source: 23G1805-08**			Prepared: 7/26/2023	Analyzed: 7/28/2023				
pH	6.9		1.0	units		6.9			0.289	10
Electrical Conductivity	0.03		0.01	mmhos/cm		0.03			0.331	10
Electrical Conductivity umhos	30.2		10.0	umhos/cm		30.3			0.331	10
Reference (BEG0955-SRM1)					Prepared: 7/26/2023	Analyzed: 7/28/2023				
Electrical Conductivity	547			umhos/cm	538.0		102	90-110		
Reference (BEG0955-SRM2)					Prepared: 7/26/2023	Analyzed: 7/28/2023				
pH	5.9			units	5.820		101	28178-101.71		
Reference (BEG0955-SRM3)					Prepared: 7/26/2023	Analyzed: 7/28/2023				
Electrical Conductivity	1010			umhos/cm	1000		101	90-110		
Electrical Conductivity umhos	1010			umhos/cm	1000		101	90-110		
Reference (BEG0955-SRM4)					Prepared: 7/26/2023	Analyzed: 7/28/2023				
Electrical Conductivity	1020			umhos/cm	1000		102	90-110		
Electrical Conductivity umhos	1020			umhos/cm	1000		102	90-110		
Reference (BEG0955-SRM5)					Prepared: 7/26/2023	Analyzed: 7/28/2023				
Electrical Conductivity	1020			umhos/cm	1000		102	90-110		

The results in this report apply to the samples as received and were analyzed in accordance with the chain of custody document. This analytical report must be reproduced in its entirety. All results listed in this report are for the exclusive use of the submitting party. Dellavalle Laboratory, Inc. assumes no responsibility for report alteration, separation, detachment or third party interpretation.

DELLAVALLE™
LABORATORY INC

R & J Avila Inc
8119 Ellington Ave
Hilmar, CA 95324

Account# 00-0019840
Account Manager: Ben Nydam
Submitted By: Rui & John Avila
Ranch: Joe O. Rocha

Received: 07/25/2023 16:30
Reported: 07/31/2023 10:28

Quality Control
(Continued)

Analyte	Result	Qual	Reporting Limit	Units	Spike Level	Source Result	%REC	%REC Limits	RPD	RPD Limit
Batch: BEG0955 (Continued)										
Reference (BEG0955-SRM5)					Prepared: 7/26/2023	Analyzed: 7/28/2023				
Electrical Conductivity umhos	1020			umhos/cm	1000		102	90-110		
Reference (BEG0955-SRM6)					Prepared: 7/26/2023	Analyzed: 7/28/2023				
pH	4.1			units	4.000		102	97.5-102.5		
Reference (BEG0955-SRM7)					Prepared: 7/26/2023	Analyzed: 7/28/2023				
pH	4.1			units	4.000		102	97.5-102.5		
Reference (BEG0955-SRM8)					Prepared: 7/26/2023	Analyzed: 7/28/2023				
pH	4.0			units	4.000		100	97.5-102.5		

The results in this report apply to the samples as received and were analyzed in accordance with the chain of custody document. This analytical report must be reproduced in its entirety. All results listed in this report are for the exclusive use of the submitting party. Dellavalle Laboratory, Inc. assumes no responsibility for report alteration, separation, detachment or third party interpretation.

DELLAVALLE™
LABORATORY INC

R & J Avila Inc
8119 Ellington Ave
Hilmar, CA 95324

Account# 00-0019840
Account Manager: Ben Nydam
Submitted By: Rui & John Avila
Ranch: Joe O. Rocha

Received: 07/25/2023 16:30
Reported: 07/31/2023 10:28

Quality Control
(Continued)

Analyte	Result	Qual	Reporting Limit	Units	Spike Level	Source Result	%REC	%REC Limits	RPD	RPD Limit
Batch: BEG0965										
Blank (BEG0965-BLK1)					Prepared: 7/26/2023	Analyzed: 7/27/2023				
Kjeldahl Nitrogen (TKN), Total	ND		1.00	mg/L						
Total Nitrogen	ND		1.00	mg/L						
Blank (BEG0965-BLK2)					Prepared: 7/26/2023	Analyzed: 7/27/2023				
Kjeldahl Nitrogen (TKN), Total	ND		1.00	mg/L						
Total Nitrogen	ND		1.00	mg/L						
LCS (BEG0965-BS1)					Prepared: 7/26/2023	Analyzed: 7/27/2023				
Kjeldahl Nitrogen (TKN), Total	5.63		1.00	mg/L	5.709		98.6	90-110		
LCS (BEG0965-BS2)					Prepared: 7/26/2023	Analyzed: 7/27/2023				
Kjeldahl Nitrogen (TKN), Total	5.85		1.00	mg/L	5.709		103	90-110		
Duplicate (BEG0965-DUP1)		**Source: 23G1765-01**			Prepared: 7/26/2023	Analyzed: 7/27/2023				
Kjeldahl Nitrogen (TKN), Total	ND		1.40	mg/L		ND				10
Duplicate (BEG0965-DUP2)		**Source: 23G1821-02**			Prepared: 7/26/2023	Analyzed: 7/27/2023				
Kjeldahl Nitrogen (TKN), Total	ND		1.40	mg/L		ND				10
Matrix Spike (BEG0965-MS1)		**Source: 23G1765-01**			Prepared: 7/26/2023	Analyzed: 7/27/2023				
Kjeldahl Nitrogen (TKN), Total	8.87		1.40	mg/L	7.992	ND	111	90-110		
Matrix Spike (BEG0965-MS2)		**Source: 23G1821-02**			Prepared: 7/26/2023	Analyzed: 7/27/2023				
Kjeldahl Nitrogen (TKN), Total	5.23		1.40	mg/L	7.992	ND	65.5	90-110		
Reference (BEG0965-SRM1)					Prepared: 7/26/2023	Analyzed: 7/27/2023				
Kjeldahl Nitrogen (TKN), Total	24.7			mg/L	23.80		104	90-110		

The results in this report apply to the samples as received and were analyzed in accordance with the chain of custody document. This analytical report must be reproduced in its entirety. All results listed in this report are for the exclusive use of the submitting party. Dellavalle Laboratory, Inc. assumes no responsibility for report alteration, separation, detachment or third party interpretation.

07/25/23 16:30 23G1768

RG

DELLAVALLE LABORATORY, INC.

1910 W. McKinley Avenue, Suite 110 • Fresno, CA 93728
www.dellavallelab.com 559 233-6129 · 800 228-9896 · Fax 559 268-8174

No. Samples: 2 No. of Bottles:

Purchase Order No | Bill To: Acct # 19840 | Cons # 08

Water Type: [ ] Drinking Water [ ] Wastewater
[X] Ag Water [ ] Groundwater [ ] Monitoring Well

Results Need By

Name: R & J Avila Inc
Address: 8119 Ellington Avenue
City: Hilmar **State: CA** **Zip:** 95324
Telephone: (209) 669-7919 **Fax:** (209) 634-4604
Cell/Email: 209 678-3086 Rui / 209 678-1723 John frontdesk.randjavila@gmail.com
COPY TO:

REQUESTED BY: Rui & John Avila
PROJECT Joe O. Rocha
ID CROP: N/A

[X] Copy of Chain [X] QA/QC Documents
Sampled By: T. Madruga

Other:

Analysis and Bottles Required: (Please indicate Analysis)

( ) DWW1: EC, pH, NO_3-N (NH4-N Field Test)
(1-1 Liter Plastic, Unpreserved) White Per Sample
( ) DWW2: DWW1 Plus SO_4, CO_3, HCO_3, Cl, Ca, Mg, Na, TDS
(1-1 Liter Plastic, Unpreserved) White Per Sample
(X) DCW1: EC, NO_3-N, TDS + TKN & TN
(1-1 Liter Plastic, Unpreserved) White Per Sample
( ) DPW1: EC, pH, NO_3-N, NH_4-N, TKN, TDS, TP, TK
(1-1 Liter Plastic, Unpreserved) White Per Sample
( ) DPW2: DPW1 Plus SO_4, CO_3, HCO_3, Cl, Ca, Mg, Na
(1-1 Liter Plastic, Unpreserved) White Per Sample
( ) Other

	Description of Samples	Date Sampled	Time Sampled	Rec'd Temp °C	Field NH_4-N
1	Canal	7/24/2023	1500	~3.8°C	
2	Dairy Irrigation Well	7/24/2023	1600	~3.3°C	
3					
4					
5					
6					
7					
8					
9					
10					

CHAIN OF CUSTODY

Carrier	Signature	Company	Received (Date/Time)	Relinquished (Date/Time)
First	John Avila	R & J Avila, Inc.	7/24/2023 @ 1600	7/25/2023 @ 930
Second		Dellavalle Laboratory, Inc.	7/25/2023 @ 930	7/25 3:40
Third	RG	DLI	25 July 16:30	
Fourth				

I guarantee that as the client, or on behalf of client named, I have the authority to contract the above requested services. Should it be found that I do not have such authority, I agree to be personally liable for all costs and, if there should be action against me for this breach, reasonable attorneys' fees. It is understood that payment is expected to be cash with samples unless terms have been previously arranged. Terms are net 30 days; overdue accounts will be charged a liquidated damage fee of 2% per month (annually 24%) or $5.00 per month whichever is greater.
If payment is not made when due and a legitimate dispute exists concerning the product or services of Dellavalle Laboratory, Inc., it will be submitted to mediation under the Rules and Procedures of Creative Alternative to Litigation, Inc. (*cal*). If the dispute is not resolved in mediation, then the dispute will be submitted to binding arbitration through ***cal*** under its Rules and Procedures. The parties will equally bear the costs of mediation/arbitration. If, however, the mediator declares that no legitimate dispute exists, then debtor will pay all mediation and arbitration costs, and in the event of arbitration,reasonable attorneys' fees of Dellavalle Laboratory.

Invoicing Information: ***Shipping***
Sampling hrs $ In
Miles $ Out
Consulting

Amt Paid	Rec By	Check #	Date

Signature

Samples recieved in cooler with ice (coolant)
[ ] Yes [ ] No

07/25/23 16:30 23G1768

Shipping Information: Fed Ex ☐ UPS ☐ GSO ☐ Picked-Up ☐ Walk In ☐ DLI Sampler ☒
Ontrac ☐ PMS ☐ USPS ☐ Other ☐ _____

Shipping Container: Ice Chest ☒ None ☐ Box ☐

Refrigerant: Wet Ice: ☒ Blue Ice: ☐ None: ☐

Container(s) Received	1	2	3	4	5	6	7	8	9	10
Plastics:										
100 mL sterile plastic $Na_2S_2O_3$ (Green)										
250 mL unpreserved (White)										
250 mL HNO_3 (Red)										
250 mL H_2SO_4 (Yellow)										
500 mL unpreserved (White)										
500 mL HNO_3 (Red)										
500 mL H_2SO_4 (Yellow)										
1 L unpreserved (White)	1	1								
1 L unpreserved (BOD) (Purple)										
1 L HNO_3 (Red)										
1 L H_2SO_4 (Yellow)										
VOA Vials in sets of 3:										
40 mL VOA, HCl (Blue)										
40 mL VOA, $Na_2S_2O_3$ (Green)										
40 mL VOA, unpreserved (White)										
Glass:										
250 mL AG unpreserved (White)										
250 mL AG H_2SO_4 (Yellow)										
250 mL AG $Na_2S_2O_3$ (Green)										
250 mL AG $Na_2S_2O_3$ + MCAA										
500 mL glass unpreserved (White)										
500 mL AG HCl (Blue)										
1 L AG unpreserved (White)										
1 L AG H_2SO_4 (Yellow)										
1 L AG $Na_2S_2O_3$ (Green)										
1 L AG HCl (Blue)										
Special:										
Cr^{6+} w/Borate/HCO3/CO3										
Cyanide - 500 mL NaOH										
Asbestos - 2 - 1L P wrapped in foil										
500 mL or 1 L **AP** $Na_2S_2O_3$ (Green)										
1 L **AG** or **P** NaOH + ZnAc (Sulfide)										
Chlorite/Bromate 250 mL AG with EDA										
TTHM										
HAA5										
40 mL VOA, $Na_2S_2O_3$ + MCAA										

DELLAVALLE™
LABORATORY INC

R & J Avila Inc
8119 Ellington Ave
Hilmar, CA 95324

Account# 00-0019840
Account Manager: Ben Nydam
Submitted By: Rui & John Avila
Ranch: Joe O. Rocha Dairy

Received: 11/16/2023 15:35
Reported: 11/22/2023 09:19

Samples in this Report

Lab ID	Sample	Matrix	Sampled By	Crop	Date Sampled
23K0900-01	Barn Well N	Ag Water	T. Madruga		11/15/2023 12:00
23K0900-02	Barn Well S	Ag Water	T. Madruga		11/15/2023 12:30
23K0900-03	Grif One	Ag Water	T. Madruga		11/15/2023 13:00
23K0900-04	Mash D	Ag Water	T. Madruga		11/15/2023 13:30
23K0900-05	MMD	Ag Water	T. Madruga		11/15/2023 14:00

Default Cooler Temperature on Receipt °C: -1.7
Containers Intact
COC/Labels Agree
Received On Ice

Notes and Definitions

Item	Definition
H	Hold Time Exceeded
MCL	Drinking Water Maximum Contaminant Level
ND	Analyte NOT DETECTED at or above the reporting limit.
NES	Not Enough Sample
*	Not Taken
RPD	Relative Percent Difference
%REC	Percent Recovery
Source	Sample that was matrix spiked or duplicated.

Scott McFriedland

Laboratory Director/Technical Manager

ELAP Certification #1595
A2LA Certification #6440.02

The results in this report apply to the samples as received and were analyzed in accordance with the chain of custody document. This analytical report must be reproduced in its entirety. All results listed in this report are for the exclusive use of the submitting party. Dellavalle Laboratory, Inc. assumes no responsibility for report alteration, separation, detachment or third party interpretation.

DELLAVALLE™
LABORATORY INC

R & J Avila Inc
8119 Ellington Ave
Hilmar, CA 95324

Account# 00-0019840
Account Manager: Ben Nydam
Submitted By: Rui & John Avila
Ranch: Joe O. Rocha Dairy

Received: 11/16/2023 15:35
Reported: 11/22/2023 09:19

Sample Results

Sample: Barn Well N
23K0900-01 (Water)

Sampled: 11/15/2023 12:00
Sampled By: T. Madruga

Analyte	Result	Units	Reporting Limit	DIL	DW MCL	Date/Time Analyzed	Method	Notes	Batch
Electrical Conductivity	**0.30**	mmhos/cm	0.01	1		11/20/23 14:18	SM 2510 B		BEK0617
Electrical Conductivity umhos	**295**	umhos/cm	10.0	1		11/20/23 14:18	SM 2510 B		BEK0617
Ammonia (as N)	ND	mg/L	0.00	1		11/15/23 12:00	Field		BEK0560
Nitrate Nitrogen as NO3N	**3.7**	mg/L	0.1	1	10	11/16/23 20:50	EPA 300.0		BEK0572
Temperature	**25.0**	units	0.0	1		11/20/23 14:18	SM 4500-H+	H	BEK0617
pH	**8.0**	units	1.0	1		11/20/23 14:18	SM 4500-H+	H	BEK0617

The results in this report apply to the samples as received and were analyzed in accordance with the chain of custody document. This analytical report must be reproduced in its entirety. All results listed in this report are for the exclusive use of the submitting party. Dellavalle Laboratory, Inc. assumes no responsibility for report alteration, separation, detachment or third party interpretation.

DELLAVALLE™
LABORATORY INC

R & J Avila Inc
8119 Ellington Ave
Hilmar, CA 95324

Account# 00-0019840
Account Manager: Ben Nydam
Submitted By: Rui & John Avila
Ranch: Joe O. Rocha Dairy

Received: 11/16/2023 15:35
Reported: 11/22/2023 09:19

Sample Results
(Continued)

Sample: Barn Well S
23K0900-02 (Water)

Sampled: 11/15/2023 12:30
Sampled By: T. Madruga

Analyte	Result	Units	Reporting Limit	DIL	DW MCL	Date/Time Analyzed	Method	Notes	Batch
Electrical Conductivity	**0.42**	mmhos/cm	0.01	1		11/20/23 14:19	SM 2510 B		BEK0617
Electrical Conductivity umhos	**418**	umhos/cm	10.0	1		11/20/23 14:19	SM 2510 B		BEK0617
Ammonia (as N)	ND	mg/L	0.00	1		11/15/23 12:30	Field		BEK0560
Nitrate Nitrogen as NO3N	**7.2**	mg/L	0.1	1	10	11/16/23 21:11	EPA 300.0		BEK0572
Temperature	**25.0**	units	0.0	1		11/20/23 14:19	SM 4500-H+	H	BEK0617
pH	**7.9**	units	1.0	1		11/20/23 14:19	SM 4500-H+	H	BEK0617

The results in this report apply to the samples as received and were analyzed in accordance with the chain of custody document. This analytical report must be reproduced in its entirety. All results listed in this report are for the exclusive use of the submitting party. Dellavalle Laboratory, Inc. assumes no responsibility for report alteration, separation, detachment or third party interpretation.

DELLAVALLE™
LABORATORY INC

R & J Avila Inc
8119 Ellington Ave
Hilmar, CA 95324

Account# 00-0019840
Account Manager: Ben Nydam
Submitted By: Rui & John Avila
Ranch: Joe O. Rocha Dairy

Received: 11/16/2023 15:35
Reported: 11/22/2023 09:19

Sample Results
(Continued)

Sample: Grif One
23K0900-03 (Water)

Sampled: 11/15/2023 13:00
Sampled By: T. Madruga

Analyte	Result	Units	Reporting Limit	DIL	DW MCL	Date/Time Analyzed	Method	Notes	Batch
Electrical Conductivity	**0.28**	mmhos/cm	0.01	1		11/20/23 14:21	SM 2510 B		BEK0617
Electrical Conductivity umhos	**276**	umhos/cm	10.0	1		11/20/23 14:21	SM 2510 B		BEK0617
Ammonia (as N)	ND	mg/L	0.00	1		11/15/23 13:00	Field		BEK0560
Nitrate Nitrogen as NO3N	**4.3**	mg/L	0.1	1	10	11/16/23 21:32	EPA 300.0		BEK0572
Temperature	**25.0**	units	0.0	1		11/20/23 14:21	SM 4500-H+	H	BEK0617
pH	**7.8**	units	1.0	1		11/20/23 14:21	SM 4500-H+	H	BEK0617

The results in this report apply to the samples as received and were analyzed in accordance with the chain of custody document. This analytical report must be reproduced in its entirety. All results listed in this report are for the exclusive use of the submitting party. Dellavalle Laboratory, Inc. assumes no responsibility for report alteration, separation, detachment or third party interpretation.

DELLAVALLE™
LABORATORY INC

R & J Avila Inc
8119 Ellington Ave
Hilmar, CA 95324

Account# 00-0019840
Account Manager: Ben Nydam
Submitted By: Rui & John Avila
Ranch: Joe O. Rocha Dairy

Received: 11/16/2023 15:35
Reported: 11/22/2023 09:19

Sample Results
(Continued)

Sample: Mash D
23K0900-04 (Water)

Sampled: 11/15/2023 13:30
Sampled By: T. Madruga

Analyte	Result	Units	Reporting Limit	DIL	DW MCL	Date/Time Analyzed	Method	Notes	Batch
Electrical Conductivity	**1.15**	mmhos/cm	0.01	1		11/20/23 14:22	SM 2510 B		BEK0617
Electrical Conductivity umhos	**1150**	umhos/cm	10.0	1		11/20/23 14:22	SM 2510 B		BEK0617
Ammonia (as N)	ND	mg/L	0.00	1		11/15/23 13:30	Field		BEK0560
Nitrate Nitrogen as NO3N	**27.8**	mg/L	0.1	1	10	11/16/23 21:53	EPA 300.0		BEK0572
Temperature	**25.0**	units	0.0	1		11/20/23 14:22	SM 4500-H+	H	BEK0617
pH	**7.6**	units	1.0	1		11/20/23 14:22	SM 4500-H+	H	BEK0617

The results in this report apply to the samples as received and were analyzed in accordance with the chain of custody document. This analytical report must be reproduced in its entirety. All results listed in this report are for the exclusive use of the submitting party. Dellavalle Laboratory, Inc. assumes no responsibility for report alteration, separation, detachment or third party interpretation.

DELLAVALLE™
LABORATORY INC

R & J Avila Inc
8119 Ellington Ave
Hilmar, CA 95324

Account# 00-0019840
Account Manager: Ben Nydam
Submitted By: Rui & John Avila
Ranch: Joe O. Rocha Dairy

Received: 11/16/2023 15:35
Reported: 11/22/2023 09:19

Sample Results
(Continued)

Sample: MMD
23K0900-05 (Water)

Sampled: 11/15/2023 14:00
Sampled By: T. Madruga

Analyte	Result	Units	Reporting Limit	DIL	DW MCL	Date/Time Analyzed	Method	Notes	Batch
Electrical Conductivity	**0.81**	mmhos/cm	0.01	1		11/20/23 14:24	SM 2510 B		BEK0617
Electrical Conductivity umhos	**809**	umhos/cm	10.0	1		11/20/23 14:24	SM 2510 B		BEK0617
Ammonia (as N)	ND	mg/L	0.00	1		11/15/23 14:00	Field		BEK0560
Nitrate Nitrogen as NO3N	**20.7**	mg/L	0.1	1	10	11/17/23 00:40	EPA 300.0		BEK0572
Temperature	**25.0**	units	0.0	1		11/20/23 14:24	SM 4500-H+	H	BEK0617
pH	**7.6**	units	1.0	1		11/20/23 14:24	SM 4500-H+	H	BEK0617

The results in this report apply to the samples as received and were analyzed in accordance with the chain of custody document. This analytical report must be reproduced in its entirety. All results listed in this report are for the exclusive use of the submitting party. Dellavalle Laboratory, Inc. assumes no responsibility for report alteration, separation, detachment or third party interpretation.

DELLAVALLE™
LABORATORY INC

R & J Avila Inc
8119 Ellington Ave
Hilmar, CA 95324

Account# 00-0019840
Account Manager: Ben Nydam
Submitted By: Rui & John Avila
Ranch: Joe O. Rocha Dairy

Received: 11/16/2023 15:35
Reported: 11/22/2023 09:19

Quality Control

Analyte	Result	Qual	Reporting Limit	Units	Spike Level	Source Result	%REC	%REC Limits	RPD	RPD Limit
Batch: BEK0572										
Blank (BEK0572-BLK1)					Prepared & Analyzed: 11/16/2023					
Nitrate Nitrogen as NO3N	ND		0.1	mg/L						
Blank (BEK0572-BLK2)					Prepared & Analyzed: 11/16/2023					
Nitrate Nitrogen as NO3N	ND		0.1	mg/L						
Blank (BEK0572-BLK3)					Prepared: 11/16/2023 Analyzed: 11/17/2023					
Nitrate Nitrogen as NO3N	ND		0.1	mg/L						
LCS (BEK0572-BS1)					Prepared & Analyzed: 11/16/2023					
Nitrate Nitrogen as NO3N	5.3		0.1	mg/L	5.000		107	90-110		
LCS (BEK0572-BS2)					Prepared: 11/16/2023 Analyzed: 11/17/2023					
Nitrate Nitrogen as NO3N	5.0		0.1	mg/L	5.000		99.1	90-110		
Duplicate (BEK0572-DUP1)		**Source: 23K0900-03**			Prepared & Analyzed: 11/16/2023					
Nitrate Nitrogen as NO3N	4.3		0.1	mg/L		4.3			0.0693	10
Duplicate (BEK0572-DUP2)		**Source: 23K0943-01**			Prepared: 11/16/2023 Analyzed: 11/17/2023					
Nitrate Nitrogen as NO3N	1.4		0.1	mg/L		1.4			0.215	10
Matrix Spike (BEK0572-MS1)		**Source: 23K0900-03**			Prepared & Analyzed: 11/16/2023					
Nitrate Nitrogen as NO3N	9.4		0.1	mg/L	5.000	4.3	102	90-110		
Matrix Spike (BEK0572-MS2)		**Source: 23K0943-01**			Prepared: 11/16/2023 Analyzed: 11/17/2023					
Nitrate Nitrogen as NO3N	6.5		0.1	mg/L	5.000	1.4	102	90-110		
Reference (BEK0572-SRM1)					Prepared & Analyzed: 11/16/2023					
Nitrate Nitrogen as NO3N	10.0			mg/L	10.00		99.8	90-110		
Reference (BEK0572-SRM2)					Prepared: 11/16/2023 Analyzed: 11/17/2023					
Nitrate Nitrogen as NO3N	10.0			mg/L	10.00		100	90-110		
Reference (BEK0572-SRM3)					Prepared: 11/16/2023 Analyzed: 11/17/2023					
Nitrate Nitrogen as NO3N	10.1			mg/L	10.00		101	90-110		

The results in this report apply to the samples as received and were analyzed in accordance with the chain of custody document. This analytical report must be reproduced in its entirety. All results listed in this report are for the exclusive use of the submitting party. Dellavalle Laboratory, Inc. assumes no responsibility for report alteration, separation, detachment or third party interpretation.

DELLAVALLE™ LABORATORY INC

R & J Avila Inc
8119 Ellington Ave
Hilmar, CA 95324

Account# 00-0019840
Account Manager: Ben Nydam
Submitted By: Rui & John Avila
Ranch: Joe O. Rocha Dairy

Received: 11/16/2023 15:35
Reported: 11/22/2023 09:19

Quality Control
(Continued)

Analyte	Result	Qual	Reporting Limit	Units	Spike Level	Source Result	%REC	%REC Limits	RPD	RPD Limit
Batch: BEK0617										
Blank (BEK0617-BLK1)					Prepared: 11/17/2023	Analyzed: 11/20/2023				
Temperature	25.0		0.0	units						
Electrical Conductivity	ND		0.01	mmhos/cm						
Electrical Conductivity umhos	ND		10.0	umhos/cm						
pH	5.7		1.0	units						
Blank (BEK0617-BLK2)					Prepared: 11/17/2023	Analyzed: 11/20/2023				
Electrical Conductivity	ND		0.01	mmhos/cm						
Temperature	25.0		0.0	units						
Electrical Conductivity umhos	ND		10.0	umhos/cm						
pH	6.6		1.0	units						
Blank (BEK0617-BLK3)					Prepared: 11/17/2023	Analyzed: 11/20/2023				
Electrical Conductivity	ND		0.01	mmhos/cm						
Temperature	25.0		0.0	units						
Electrical Conductivity umhos	ND		10.0	umhos/cm						
pH	6.0		1.0	units						
Duplicate (BEK0617-DUP1)		**Source: 23K0902-03**			Prepared: 11/17/2023	Analyzed: 11/20/2023				
Electrical Conductivity	0.79		0.01	mmhos/cm		0.78			0.800	10
pH	7.7		1.0	units		7.7			0.130	10
Electrical Conductivity umhos	791		10.0	umhos/cm		785			0.800	10
Duplicate (BEK0617-DUP2)		**Source: 23K0904-01**			Prepared: 11/17/2023	Analyzed: 11/20/2023				
Electrical Conductivity	1.59		0.01	mmhos/cm		1.59			0.00	10
Electrical Conductivity umhos	1590		10.0	umhos/cm		1590			0.00	10
pH	8.0		1.0	units		8.0			0.125	10
Reference (BEK0617-SRM1)					Prepared: 11/17/2023	Analyzed: 11/20/2023				
Electrical Conductivity	555			umhos/cm	538.0		103	90-110		
Reference (BEK0617-SRM2)					Prepared: 11/17/2023	Analyzed: 11/20/2023				
pH	7.6			units	7.520		101	67021-101.32		
Reference (BEK0617-SRM3)					Prepared: 11/17/2023	Analyzed: 11/20/2023				
Electrical Conductivity	1030			umhos/cm	1000		103	90-110		
Electrical Conductivity umhos	1030			umhos/cm	1000		103	90-110		
Reference (BEK0617-SRM4)					Prepared: 11/17/2023	Analyzed: 11/20/2023				
Electrical Conductivity	1040			umhos/cm	1000		104	90-110		
Electrical Conductivity umhos	1040			umhos/cm	1000		104	90-110		
Reference (BEK0617-SRM5)					Prepared: 11/17/2023	Analyzed: 11/20/2023				
Electrical Conductivity	1040			umhos/cm	1000		104	90-110		

The results in this report apply to the samples as received and were analyzed in accordance with the chain of custody document. This analytical report must be reproduced in its entirety. All results listed in this report are for the exclusive use of the submitting party. Dellavalle Laboratory, Inc. assumes no responsibility for report alteration, separation, detachment or third party interpretation.

DELLAVALLE™
LABORATORY INC

R & J Avila Inc
8119 Ellington Ave
Hilmar, CA 95324

Account# 00-0019840
Account Manager: Ben Nydam
Submitted By: Rui & John Avila
Ranch: Joe O. Rocha Dairy

Received: 11/16/2023 15:35
Reported: 11/22/2023 09:19

Quality Control
(Continued)

Analyte	Result	Qual	Reporting Limit	Units	Spike Level	Source Result	%REC	%REC Limits	RPD	RPD Limit
Batch: BEK0617 (Continued)										
Reference (BEK0617-SRM5)					Prepared: 11/17/2023	Analyzed: 11/20/2023				
Electrical Conductivity umhos	1040			umhos/cm	1000		104	90-110		
Reference (BEK0617-SRM6)					Prepared: 11/17/2023	Analyzed: 11/20/2023				
pH	4.0			units	4.000		100	97.5-102.5		
Reference (BEK0617-SRM7)					Prepared: 11/17/2023	Analyzed: 11/20/2023				
pH	4.0			units	4.000		101	97.5-102.5		
Reference (BEK0617-SRM8)					Prepared: 11/17/2023	Analyzed: 11/20/2023				
pH	4.0			units	4.000		101	97.5-102.5		

The results in this report apply to the samples as received and were analyzed in accordance with the chain of custody document. This analytical report must be reproduced in its entirety. All results listed in this report are for the exclusive use of the submitting party. Dellavalle Laboratory, Inc. assumes no responsibility for report alteration, separation, detachment or third party interpretation.

11/16/23 15:35 23K0900

DELLAVALLE LABORATORY, INC.

1910 W. McKinley Avenue, Suite 110 • Fresno, CA 93728
www.dellavallelab.com 559 233-6129 · 800 228-9896 · Fax 559 268-8174

No. Samples: 5 No. of Bottles: 5

Purchase Order No | Bill To: Acct # 19840 | Cons # 08

Results Need By

Water Type: [ ] Drinking Water [ ] Wastewater
[X] Ag Water [ ] Groundwater [ ] Monitoring Well

Name: R & J Avila Inc
Address: 8119 Ellington Avenue
City: Hilmar **State:** CA **Zip:** 95324
Telephone: (209) 669-7919 **Fax:** (209) 634-4604
Cell/Email: 209 678-3086 Rui / 209 678-1723 John frontdesk.randjavila@gmail.com
COPY TO:
REQUESTED BY: Rui & John Avila
PROJECT Joe O. Rocha Dairy
ID CROP: N/A

[X] Copy of Chain [X] QA/QC Documents
Sampled By: T. Madruga

Other:

Analysis and Bottles Required: (Please indicate Analysis)

(X) DWW1: EC, pH, NO_3-N (NH4-N Field Test)
(1-1 Liter Plastic, Unpreserved) White Per Sample
( ) DWW2: DWW1 Plus SO_4, CO_3, HCO_3, Cl, Ca, Mg, Na, TDS
(1-1 Liter Plastic, Unpreserved) White Per Sample
( ) DCW1: EC, NO_3-N, TDS + TKN & TN
(1-1 Liter Plastic, Unpreserved) White Per Sample
( ) DPW1: EC, pH, NO_3-N, NH_4-N, TKN, TDS, TP, TK
(1-1 Liter Plastic, Unpreserved) White Per Sample
( ) DPW2: DPW1 Plus SO_4, CO_3, HCO_3, Cl, Ca, Mg, Na
(1-1 Liter Plastic, Unpreserved) White Per Sample
( ) Other

	Description of Samples	Date Sampled	Time Sampled	Rec'd Temp °C	Field NH_4-N
1	Barn Well N	11/15/2023	1200	-1.7	ND
2	Barn Well S	11/15/2023	1230	-.6	ND
3	Grif One	11/15/2023	1300	-1.4	ND
4	Mash D	11/15/2023	1330	-1.1	ND
5	MMD	11/15/2023	1400	.3	ND
6					
7					
8					
9					
10					

IR Thermometer SN: 221314357
Correction Factor: 0°C
Calibration Due: 12/22/2023
Location: Laboratory

CHAIN OF CUSTODY

Carrier	Signature	Company	Received (Date/Time)	Relinquished (Date/Time)
First	John Avila	R & J Avila, Inc.	11/15/2023 @ 1400	11/16/2023 @9am
Second	JLP	Dellavalle Laboratory, Inc.	11/16/2023 @9am	11/16/23 3:25
Third	~~DLI~~	DLI	11/16/23 15:35	
Fourth				

I guarantee that as the client, or on behalf of client named, I have the authority to contract the above requested services. Should it be found that I do not have such authority, I agree to be personally liable for all costs and, if there should be action against me for this breach, reasonable attorneys' fees. It is understood that payment is expected to be cash with samples unless terms have been previously arranged. Terms are net 30 days; overdue accounts will be charged a liquidated damage fee of 2% per month (annually 24%) or $5.00 per month whichever is greater.

If payment is not made when due and a legitimate dispute exists concerning the product or services of Dellavalle Laboratory, Inc., it will be submitted to mediation under the Rules and Procedures of Creative Alternative to Litigation, Inc. (*cal*). If the dispute is not resolved in mediation, then the dispute will be submitted to binding arbitration through ***cal*** under its Rules and Procedures. The parties will equally bear the costs of mediation/arbitration. If, however, the mediator declares that no legitimate dispute exists, then debtor will pay all mediation and arbitration costs, and in the event of arbitration,reasonable attorneys' fees of Dellavalle Laboratory.

Invoicing Information: ***Shipping***
Sampling hrs $ In
Miles $ Out
Consulting

Amt Paid	Rec By	Check #	Date

Signature

Samples recieved in cooler with ice (coolant)
[ ] Yes [ ] No

11/16/23 15:35 23K0900

Shipping Information: Fed Ex ☐ UPS ☐ GSO ☐ Picked-Up ☑ Walk In ☐ DLI Sampler ☐
Ontrac ☐ PMS ☐ USPS ☐ Other ☐ _____

Shipping Container: Ice Chest ☑ None ☐ Box ☐

Refrigerant: Wet Ice: ☑ Blue Ice: ☐ None: ☐

Container(s) Received	1	2	3	4	5	6	7	8	9	10
Plastics:										
100 mL sterile plastic $Na_2S_2O_3$ (Green)										
250 mL unpreserved (White)										
250 mL HNO_3 (Red)										
250 mL H_2SO_4 (Yellow)										
500 mL unpreserved (White)										
500 mL HNO_3 (Red)										
500 mL H_2SO_4 (Yellow)										
1 L unpreserved (White)	1	1	1	1	1					
1 L unpreserved (BOD) (Purple)										
1 L HNO_3 (Red)										
1 L H_2SO_4 (Yellow)										
VOA Vials in sets of 3:										
40 mL VOA, HCl (Blue)										
40 mL VOA, $Na_2S_2O_3$ (Green)										
40 mL VOA, unpreserved (White)										
Glass:										
250 mL AG unpreserved (White)										
250 mL AG H_2SO_4 (Yellow)										
250 mL AG $Na_2S_2O_3$ (Green)										
250 mL AG $Na_2S_2O_3$ + MCAA										
500 mL glass unpreserved (White)										
500 mL AG HCl (Blue)										
1 L AG unpreserved (White)										
1 L AG H_2SO_4 (Yellow)										
1 L AG $Na_2S_2O_3$ (Green)										
1 L AG HCl (Blue)										
Special:										
Cr^{6+} w/Borate/HCO3/CO3										
Cyanide - 500 mL NaOH										
Asbestos - 2 - 1L P wrapped in foil										
500 mL or 1 L **AP** $Na_2S_2O_3$ (Green)										
1 L **AG** or **P** NaOH + ZnAc (Sulfide)										
Chlorite/Bromate 250 mL AG with EDA										
TTHM										
HAA5										
40 mL VOA, $Na_2S_2O_3$ + MCAA										