Annual Report - General Order No. R5-2007-0035
Reporting period 01/01/2023 to 12/31/2023.

DAIRY FACILITY INFORMATION

A. NAME OF DAIRY OR BUSINESS OPERATING THE DAIRY: Van Exel Dairy #2

Physical address of dairy:

18948 N Thornton RD	Lodi	San Joaquin	95242
Number and Street	City	County	Zip Code

Street and nearest cross street (if no address):

Date facility was originally placed in operation: 01/01/1975

Regional Water Quality Control Board Basin Plan designation: San Joaquin River Basin

County Assessor Parcel Number(s) for dairy facility:

X011-X150-XX04-XXXX X011-X150-XX17-XXXX

B. OPERATORS

Van Exel, Carolyn Ann

Operator name: Van Exel, Carolyn Ann

Telephone no.: (209) 334-3290 (Landline) (Cellular)

20002 N Thornton RD	Lodi	CA	95242
Mailing Address Number and Street	City	State	Zip Code

Van Exel, Henry Paul

Operator name: Van Exel, Henry Paul

Telephone no.: (209) 334-3290 (Landline) (209) 810-0880 (Cellular)

20002 N Thornton RD	Lodi	CA	95242
Mailing Address Number and Street	City	State	Zip Code

This operator is responsible for paying permit fees.

C. OWNERS

Van Exel, Carolyn Ann

Legal owner name: Van Exel, Carolyn Ann

Telephone no.: (209) 334-3290 (Landline) (Cellular)

20002 N Thornton RD	Lodi	CA	95242
Mailing Address Number and Street	City	State	Zip Code

Van Exel, Henry Paul

Legal owner name:	Van Exel, Henry Paul	Telephone no.:	(209) 334-3290	(209) 810-0880
			Landline	Cellular
20002 N Thornton RD	Lodi		CA	95242
Mailing Address Number and Street	City		State	Zip Code

This owner is responsible for paying permit fees.

AVAILABLE NUTRIENTS

A. HERD INFORMATION

	Milk Cows	Dry Cows	Bred Heifers (15-24 mo.)	Heifers (7-14 mo. to breeding)	Calves (4-6 mo.)	Calves (0-3 mo.)
Number open confinement	0	0	20	475	42	0
Number under roof	360	50	0	0	0	0
Maximum number	360	50	20	475	42	0
Average number	360	50	20	475	42	0
Avg live weight (lbs)	1,000	1,050	700	500		

Predominant milk cow breed: Jersey

Average milk production: 70 *pounds per cow per day*

B. MANURE GENERATED

Total manure excreted by the herd: 14,405.01 *tons per reporting period*

Total nitrogen from manure: 178,983.54 *lbs per reporting period*

After ammonia losses (30% loss applied): 125,288.48 *lbs per reporting period*

Total phosphorus from manure: 29,745.99 *lbs per reporting period*

Total potassium from manure: 68,943.32 *lbs per reporting period*

Total salt from manure: 181,003.50 *lbs per reporting period*

C. PROCESS WASTEWATER GENERATED

Process wastewater generated: 6,984,000 *gallons*

Total nitrogen generated: 40,865.53 *lbs*

Total phosphorus generated: 3,940.79 *lbs*

Total potassium generated: 36,912.41 *lbs*

Total salt generated: 378,044.52 *lbs*

	4,152,000	*gallons applied*
+	2,832,000	*gallons exported*
-	0	*gallons imported*
=	6,984,000	*gallons generated*

D. FRESH WATER SOURCES

Source Description	Type
IW H1	Ground water
Woodbridge Canal	Surface water

E. SUBSURFACE (TILE) DRAINAGE SOURCES

No subsurface (tile) drainage sources entered.

F. NUTRIENT IMPORTS

No dry manure nutrient imports entered.

No process wastewater nutrient imports entered.

Date	Material type / Description	Quantity	Reporting basis	Moisture (%)	N (%)	P (%)	K (%)	Salt (%)
07/30/2023	Solid commercial fertilizer *UN32*	2.90 *ton*	Dry-weight	0.1	32.000000	0.000000	0.000000	0.000000

Material type	Total N (lbs)	Total P (lbs)	Total K (lbs)	Total salt (lbs)
Commercial fertilizer / Other	1,854.14	0.00	0.00	0.00
Dry manure	0.00	0.00	0.00	0.00
Process wastewater	0.00	0.00	0.00	0.00
Total imports for all materials	1,854.14	0.00	0.00	0.00

G. NUTRIENT EXPORTS

Date	Material type	Quantity	Reporting basis	Moisture (%)	Density (lbs/cu ft)	N (mg/kg)	P (mg/kg)	K (mg/kg)	Salt (mg/kg)	TFS (%)
05/16/2023	Corral solids	2,620.00 *ton*	Dry-weight	41.6		22,200.00	11,600.00	25,500.00		50.80

Date	Material type	Quantity	Kjeldahl-N (mg/L)	Ammonium-N (mg/L)	Ammonia-N (mg/L)	Nitrate-N (mg/L)	P (mg/L)	K (mg/L)	EC (µmhos/cm)	TDS (mg/L)
01/16/2023	Process wastewater	768,000.00 *gal*	762.00	549.00	0.00	0.00	51.40	560.00		7,680
03/25/2023	Process wastewater	672,000.00 *gal*	762.00	549.00	0.00	0.00	51.40	560.00		7,680
09/12/2023	Process wastewater	624,000.00 *gal*	778.00	546.00	0.00	0.00	68.70	879.00		5,460
11/17/2023	Process wastewater	768,000.00 *gal*	314.00	213.00	0.00	0.00	51.80	357.00		3,300

Material type	Total N (lbs)	Total P (lbs)	Total K (lbs)	Total salt (lbs)
Dry manure	67,935.55	35,497.86	78,034.08	1,554,561.28
Process wastewater	15,220.48	1,307.39	13,594.61	141,870.34
Total exports for all materials	83,156.03	36,805.24	91,628.69	1,696,431.62

APPLICATION AREA

A. LIST OF LAND APPLICATION AREAS

Field name	Controlled acres	Cropable acres	Total harvests	Type of waste applied	Parcel number
V1	20	20	2	process wastewater	X011-X150-XX04-XXXX X011-X150-XX17-XXXX X011-X150-XX18-XXXX
V2	15	15	2	process wastewater	X011-X150-XX04-XXXX
V3	17	17	2	process wastewater	X011-X150-XX04-XXXX X011-X150-XX17-XXXX
V5	29	29	1	none	X011-X150-XX09-XXXX
Totals for areas that were used for application	52	52	6		
Totals for areas that were not used for application	29	29	1		
Land application area totals	81	81	7		

B. CROPS AND HARVESTS

V1

Field name: V1

10/20/2022: Oats, silage-soft dough

Crop: Oats, silage-soft dough Acres planted: 20 Plant date: 10/20/2022

Harvest date	Yield	Reporting basis	Density (lbs/cu ft)	Moisture (%)	N (mg/kg)	P (mg/kg)	K (mg/kg)	Salt (mg/kg)	TFS (%)
04/27/2023	328.00 *ton*	As-is		72.8	5,370.00	1,020.00	7,070.00		10.60

	Yield (tons/acre)	Total N (lbs/acre)	Total P (lbs/acre)	Total K (lbs/acre)	Salt (lbs/acre)
Anticipated harvest content	15.00	150.00	24.00	124.50	0.00
Total actual harvest content	16.40	176.14	33.46	231.90	945.69

V1

06/11/2023: Corn, silage

Crop: Corn, silage Acres planted: 20 Plant date: 06/11/2023

Harvest date	Yield	Reporting basis	Density (lbs/cu ft)	Moisture (%)	N (mg/kg)	P (mg/kg)	K (mg/kg)	Salt (mg/kg)	TFS (%)
10/04/2023	615.20 *ton*	As-is		73.2	3,380.00	520.00	2,910.00		4.50

	Yield (tons/acre)	Total N (lbs/acre)	Total P (lbs/acre)	Total K (lbs/acre)	Salt (lbs/acre)
Anticipated harvest content	27.00	216.00	40.50	178.20	0.00
Total actual harvest content	30.76	207.94	31.99	179.02	741.93

V2

Field name: V2

10/20/2022: Oats, silage-soft dough

Crop: Oats, silage-soft dough Acres planted: 15 Plant date: 10/20/2022

Harvest date	Yield	Reporting basis	Density (lbs/cu ft)	Moisture (%)	N (mg/kg)	P (mg/kg)	K (mg/kg)	Salt (mg/kg)	TFS (%)
04/27/2023	244.50 *ton*	As-is		71.2	5,510.00	1,070.00	7,470.00		10.50

	Yield (tons/acre)	Total N (lbs/acre)	Total P (lbs/acre)	Total K (lbs/acre)	Salt (lbs/acre)
Anticipated harvest content	15.00	150.00	24.00	124.50	0.00
Total actual harvest content	16.30	179.63	34.88	243.52	985.82

06/11/2023: Corn, silage

Crop: Corn, silage Acres planted: 15 Plant date: 06/11/2023

Harvest date	Yield	Reporting basis	Density (lbs/cu ft)	Moisture (%)	N (mg/kg)	P (mg/kg)	K (mg/kg)	Salt (mg/kg)	TFS (%)
10/04/2023	397.50 *ton*	As-is		66.0	3,810.00	640.00	3,090.00		5.50

	Yield (tons/acre)	Total N (lbs/acre)	Total P (lbs/acre)	Total K (lbs/acre)	Salt (lbs/acre)
Anticipated harvest content	27.00	216.00	40.50	178.20	0.00
Total actual harvest content	26.50	201.93	33.92	163.77	991.10

V3

Field name: V3

10/22/2022: Oats, silage-soft dough

Crop: Oats, silage-soft dough Acres planted: 17 Plant date: 10/22/2022

Harvest date	Yield	Reporting basis	Density (lbs/cu ft)	Moisture (%)	N (mg/kg)	P (mg/kg)	K (mg/kg)	Salt (mg/kg)	TFS (%)
04/27/2023	289.90 *ton*	As-is		74.0	4,870.00	980.00	6,910.00		10.80

	Yield (tons/acre)	Total N (lbs/acre)	Total P (lbs/acre)	Total K (lbs/acre)	Salt (lbs/acre)
Anticipated harvest content	15.00	150.00	24.00	124.50	0.00
Total actual harvest content	17.05	166.10	33.42	235.67	957.69

06/11/2023: Corn, silage

Crop: Corn, silage Acres planted: 17 Plant date: 06/11/2023

Harvest date	Yield	Reporting basis	Density (lbs/cu ft)	Moisture (%)	N (mg/kg)	P (mg/kg)	K (mg/kg)	Salt (mg/kg)	TFS (%)
10/04/2023	518.50 *ton*	As-is		71.8	3,580.00	600.00	2,990.00		5.30

	Yield (tons/acre)	Total N (lbs/acre)	Total P (lbs/acre)	Total K (lbs/acre)	Salt (lbs/acre)
Anticipated harvest content	27.00	216.00	40.50	178.20	0.00
Total actual harvest content	30.50	218.38	36.60	182.39	911.71

V5

Field name: V5

01/01/2015: Grape

Crop: Grape Acres planted: 29 Plant date: 01/01/2015

Harvest date	Yield	Reporting basis	Density (lbs/cu ft)	Moisture (%)	N (mg/kg)	P (mg/kg)	K (mg/kg)	Salt (mg/kg)	TFS (%)
09/28/2023	356.70 *ton*	As-is		70.4	2,690.00	380.00	2,380.00		18.60

	Yield (tons/acre)	Total N (lbs/acre)	Total P (lbs/acre)	Total K (lbs/acre)	Salt (lbs/acre)
Anticipated harvest content	12.00	99.60	15.60	109.20	0.00
Total actual harvest content	12.30	66.17	9.35	58.55	1,354.38

NUTRIENT BUDGET

A. LAND APPLICATIONS

V1 - 10/20/2022: Oats, silage-soft dough

Field name: V1

Crop: Oats, silage-soft dough — Plant date: 10/20/2022

Application date	Application method	Precipitation 24 hours prior	Precipitation during application	Precipitation 24 hours following
09/29/2022	Surface (irrigation)	No precipitation	No precipitation	No precipitation

Source description	Material type	N (lbs/acre)	P (lbs/acre)	K (lbs/acre)	Salt (lbs/acre)	Amount
Woodbridge Canal	Surface water	0.00	0.00	0.00	0.00	2,400,000.00 *gal*
Application event totals		0.00	0.00	0.00	0.00	

Application date	Application method	Precipitation 24 hours prior	Precipitation during application	Precipitation 24 hours following
02/10/2023	Surface (irrigation)	No precipitation	No precipitation	No precipitation

Source description	Material type	N (lbs/acre)	P (lbs/acre)	K (lbs/acre)	Salt (lbs/acre)	Amount
WWS	Process wastewater	228.92	15.44	168.24	2,307.23	720,000.00 *gal*
Application event totals		228.92	15.44	168.24	2,307.23	

V1 - 06/11/2023: Corn, silage

Field name: V1

Crop: Corn, silage — Plant date: 06/11/2023

Application date	Application method	Precipitation 24 hours prior	Precipitation during application	Precipitation 24 hours following
05/24/2023	Surface (irrigation)	No precipitation	No precipitation	No precipitation

Source description	Material type	N (lbs/acre)	P (lbs/acre)	K (lbs/acre)	Salt (lbs/acre)	Amount
WWS	Process wastewater	135.79	23.63	135.39	1,325.85	480,000.00 *gal*
Woodbridge Canal	Surface water	0.00	0.00	0.00	49.76	2,250,000.00 *gal*
Application event totals		135.79	23.63	135.39	1,375.61	

Application date	Application method	Precipitation 24 hours prior	Precipitation during application	Precipitation 24 hours following
07/04/2023	Surface (irrigation)	No precipitation	No precipitation	No precipitation

Source description	Material type	N (lbs/acre)	P (lbs/acre)	K (lbs/acre)	Salt (lbs/acre)	Amount
Woodbridge Canal	Surface water	0.00	0.00	0.00	56.39	2,550,000.00 *gal*
Application event totals		0.00	0.00	0.00	56.39	

V1 - 06/11/2023: Corn, silage

Application date	Application method	Precipitation 24 hours prior	Precipitation during application	Precipitation 24 hours following
07/18/2023	Surface (irrigation)	No precipitation	No precipitation	No precipitation

Source description	Material type	N (lbs/acre)	P (lbs/acre)	K (lbs/acre)	Salt (lbs/acre)	Amount
WWS	Process wastewater	124.65	11.01	140.84	874.82	384,000.00 *gal*
Woodbridge Canal	Surface water	0.00	0.00	0.00	48.10	2,175,000.00 *gal*
Application event totals		124.65	11.01	140.84	922.92	

Application date	Application method	Precipitation 24 hours prior	Precipitation during application	Precipitation 24 hours following
08/01/2023	Surface (irrigation)	No precipitation	No precipitation	No precipitation

Source description	Material type	N (lbs/acre)	P (lbs/acre)	K (lbs/acre)	Salt (lbs/acre)	Amount
Woodbridge Canal	Surface water	0.00	0.00	0.00	56.39	2,550,000.00 *gal*
Application event totals		0.00	0.00	0.00	56.39	

Application date	Application method	Precipitation 24 hours prior	Precipitation during application	Precipitation 24 hours following
08/15/2023	Surface (irrigation)	No precipitation	No precipitation	No precipitation

Source description	Material type	N (lbs/acre)	P (lbs/acre)	K (lbs/acre)	Salt (lbs/acre)	Amount
Woodbridge Canal	Surface water	0.00	0.00	0.00	56.39	2,550,000.00 *gal*
Application event totals		0.00	0.00	0.00	56.39	

Application date	Application method	Precipitation 24 hours prior	Precipitation during application	Precipitation 24 hours following
08/29/2023	Surface (irrigation)	No precipitation	No precipitation	No precipitation

Source description	Material type	N (lbs/acre)	P (lbs/acre)	K (lbs/acre)	Salt (lbs/acre)	Amount
Woodbridge Canal	Surface water	0.00	0.00	0.00	53.07	2,400,000.00 *gal*
Application event totals		0.00	0.00	0.00	53.07	

Application date	Application method	Precipitation 24 hours prior	Precipitation during application	Precipitation 24 hours following
09/12/2023	Surface (irrigation)	No precipitation	No precipitation	No precipitation

Source description	Material type	N (lbs/acre)	P (lbs/acre)	K (lbs/acre)	Salt (lbs/acre)	Amount
Woodbridge Canal	Surface water	0.00	0.00	0.00	51.42	2,325,000.00 *gal*
Application event totals		0.00	0.00	0.00	51.42	

V2 - 10/20/2022: Oats, silage-soft dough

Field name: V2

Crop: Oats, silage-soft dough

Plant date: 10/20/2022

Application date	Application method	Precipitation 24 hours prior	Precipitation during application	Precipitation 24 hours following

V2 - 10/20/2022: Oats, silage-soft dough

Application date	Application method	Precipitation 24 hours prior	Precipitation during application	Precipitation 24 hours following
09/30/2022	Surface (irrigation)	No precipitation	No precipitation	No precipitation

Source description	Material type	N (lbs/acre)	P (lbs/acre)	K (lbs/acre)	Salt (lbs/acre)	Amount
Woodbridge Canal	Surface water	0.00	0.00	0.00	0.00	1,800,000.00 *gal*
Application event totals		0.00	0.00	0.00	0.00	

Application date	Application method	Precipitation 24 hours prior	Precipitation during application	Precipitation 24 hours following
02/12/2023	Surface (irrigation)	No precipitation	No precipitation	No precipitation

Source description	Material type	N (lbs/acre)	P (lbs/acre)	K (lbs/acre)	Salt (lbs/acre)	Amount
WWS	Process wastewater	234.01	15.78	171.97	2,358.50	552,000.00 *gal*
Application event totals		234.01	15.78	171.97	2,358.50	

V2 - 06/11/2023: Corn, silage

Field name: V2

Crop: Corn, silage

Plant date: 06/11/2023

Application date	Application method	Precipitation 24 hours prior	Precipitation during application	Precipitation 24 hours following
05/24/2023	Surface (irrigation)	No precipitation	No precipitation	No precipitation

Source description	Material type	N (lbs/acre)	P (lbs/acre)	K (lbs/acre)	Salt (lbs/acre)	Amount
WWS	Process wastewater	135.79	23.63	135.39	1,325.85	360,000.00 *gal*
Woodbridge Canal	Surface water	0.00	0.00	0.00	48.65	1,650,000.00 *gal*
Application event totals		135.79	23.63	135.39	1,374.50	

Application date	Application method	Precipitation 24 hours prior	Precipitation during application	Precipitation 24 hours following
07/04/2023	Surface (irrigation)	No precipitation	No precipitation	No precipitation

Source description	Material type	N (lbs/acre)	P (lbs/acre)	K (lbs/acre)	Salt (lbs/acre)	Amount
Woodbridge Canal	Surface water	0.00	0.00	0.00	57.50	1,950,000.00 *gal*
Application event totals		0.00	0.00	0.00	57.50	

V2 - 06/11/2023: Corn, silage

Application date	Application method	Precipitation 24 hours prior	Precipitation during application	Precipitation 24 hours following
07/18/2023	Surface (irrigation)	No precipitation	No precipitation	No precipitation

Source description	Material type	N (lbs/acre)	P (lbs/acre)	K (lbs/acre)	Salt (lbs/acre)	Amount
WWS	Process wastewater	124.65	11.01	140.84	874.82	288,000.00 *gal*
Woodbridge Canal	Surface water	0.00	0.00	0.00	48.65	1,650,000.00 *gal*
Application event totals		124.65	11.01	140.84	923.47	

Application date	Application method	Precipitation 24 hours prior	Precipitation during application	Precipitation 24 hours following
08/01/2023	Surface (irrigation)	No precipitation	No precipitation	No precipitation

Source description	Material type	N (lbs/acre)	P (lbs/acre)	K (lbs/acre)	Salt (lbs/acre)	Amount
Woodbridge Canal	Surface water	0.00	0.00	0.00	55.29	1,875,000.00 *gal*
Application event totals		0.00	0.00	0.00	55.29	

Application date	Application method	Precipitation 24 hours prior	Precipitation during application	Precipitation 24 hours following
08/15/2023	Surface (irrigation)	No precipitation	No precipitation	No precipitation

Source description	Material type	N (lbs/acre)	P (lbs/acre)	K (lbs/acre)	Salt (lbs/acre)	Amount
Woodbridge Canal	Surface water	0.00	0.00	0.00	55.29	1,875,000.00 *gal*
Application event totals		0.00	0.00	0.00	55.29	

Application date	Application method	Precipitation 24 hours prior	Precipitation during application	Precipitation 24 hours following
08/29/2023	Surface (irrigation)	No precipitation	No precipitation	No precipitation

Source description	Material type	N (lbs/acre)	P (lbs/acre)	K (lbs/acre)	Salt (lbs/acre)	Amount
Woodbridge Canal	Surface water	0.00	0.00	0.00	53.07	1,800,000.00 *gal*
Application event totals		0.00	0.00	0.00	53.07	

Application date	Application method	Precipitation 24 hours prior	Precipitation during application	Precipitation 24 hours following
09/12/2023	Surface (irrigation)	No precipitation	No precipitation	No precipitation

Source description	Material type	N (lbs/acre)	P (lbs/acre)	K (lbs/acre)	Salt (lbs/acre)	Amount
Woodbridge Canal	Surface water	0.00	0.00	0.00	50.86	1,725,000.00 *gal*
Application event totals		0.00	0.00	0.00	50.86	

V3 - 10/22/2022: Oats, silage-soft dough

Field name: V3

Crop: Oats, silage-soft dough

Plant date: 10/22/2022

Application date	Application method	Precipitation 24 hours prior	Precipitation during application	Precipitation 24 hours following

V3 - 10/22/2022: Oats, silage-soft dough

Application date	Application method	Precipitation 24 hours prior	Precipitation during application	Precipitation 24 hours following
10/01/2022	Surface (irrigation)	No precipitation	No precipitation	No precipitation

Source description	Material type	N (lbs/acre)	P (lbs/acre)	K (lbs/acre)	Salt (lbs/acre)	Amount
Woodbridge Canal	Surface water	0.00	0.00	0.00	0.00	2,100,000.00 *gal*
Application event totals		0.00	0.00	0.00	0.00	

02/18/2023	Surface (irrigation)	No precipitation	No precipitation	No precipitation

Source description	Material type	N (lbs/acre)	P (lbs/acre)	K (lbs/acre)	Salt (lbs/acre)	Amount
WWS	Process wastewater	224.43	15.14	164.94	2,261.99	600,000.00 *gal*
Application event totals		224.43	15.14	164.94	2,261.99	

V3 - 06/11/2023: Corn, silage

Field name: V3

Crop: Corn, silage

Plant date: 06/11/2023

Application date	Application method	Precipitation 24 hours prior	Precipitation during application	Precipitation 24 hours following
05/25/2023	Surface (irrigation)	No precipitation	No precipitation	No precipitation

Source description	Material type	N (lbs/acre)	P (lbs/acre)	K (lbs/acre)	Salt (lbs/acre)	Amount
WWS	Process wastewater	143.78	25.02	143.35	1,403.84	432,000.00 *gal*
Woodbridge Canal	Surface water	0.00	0.00	0.00	48.78	1,875,000.00 *gal*
Application event totals		143.78	25.02	143.35	1,452.63	

07/05/2023	Surface (irrigation)	No precipitation	No precipitation	No precipitation

Source description	Material type	N (lbs/acre)	P (lbs/acre)	K (lbs/acre)	Salt (lbs/acre)	Amount
Woodbridge Canal	Surface water	0.00	0.00	0.00	58.54	2,250,000.00 *gal*
Application event totals		0.00	0.00	0.00	58.54	

07/19/2023	Surface (irrigation)	No precipitation	No precipitation	No precipitation

Source description	Material type	N (lbs/acre)	P (lbs/acre)	K (lbs/acre)	Salt (lbs/acre)	Amount
Woodbridge Canal	Surface water	0.00	0.00	0.00	48.78	1,875,000.00 *gal*
Application event totals		0.00	0.00	0.00	48.78	

V3 - 06/11/2023: Corn, silage

Application date	Application method	Precipitation 24 hours prior	Precipitation during application	Precipitation 24 hours following
08/02/2023	Surface (irrigation)	No precipitation	No precipitation	No precipitation

Source description	Material type	N (lbs/acre)	P (lbs/acre)	K (lbs/acre)	Salt (lbs/acre)	Amount
Woodbridge Canal	Surface water	0.00	0.00	0.00	54.64	2,100,000.00 *gal*
Application event totals		0.00	0.00	0.00	54.64	

Application date	Application method	Precipitation 24 hours prior	Precipitation during application	Precipitation 24 hours following
08/09/2023	Surface (irrigation)	No precipitation	No precipitation	No precipitation

Source description	Material type	N (lbs/acre)	P (lbs/acre)	K (lbs/acre)	Salt (lbs/acre)	Amount
WWS	Process wastewater	128.32	11.33	144.98	900.55	336,000.00 *gal*
Application event totals		128.32	11.33	144.98	900.55	

Application date	Application method	Precipitation 24 hours prior	Precipitation during application	Precipitation 24 hours following
08/16/2023	Surface (irrigation)	No precipitation	No precipitation	No precipitation

Source description	Material type	N (lbs/acre)	P (lbs/acre)	K (lbs/acre)	Salt (lbs/acre)	Amount
Woodbridge Canal	Surface water	0.00	0.00	0.00	54.64	2,100,000.00 *gal*
Application event totals		0.00	0.00	0.00	54.64	

Application date	Application method	Precipitation 24 hours prior	Precipitation during application	Precipitation 24 hours following
08/30/2023	Surface (irrigation)	No precipitation	No precipitation	No precipitation

Source description	Material type	N (lbs/acre)	P (lbs/acre)	K (lbs/acre)	Salt (lbs/acre)	Amount
Woodbridge Canal	Surface water	0.00	0.00	0.00	52.68	2,025,000.00 *gal*
Application event totals		0.00	0.00	0.00	52.68	

Application date	Application method	Precipitation 24 hours prior	Precipitation during application	Precipitation 24 hours following
09/13/2023	Surface (irrigation)	No precipitation	No precipitation	No precipitation

Source description	Material type	N (lbs/acre)	P (lbs/acre)	K (lbs/acre)	Salt (lbs/acre)	Amount
Woodbridge Canal	Surface water	0.00	0.00	0.00	50.73	1,950,000.00 *gal*
Application event totals		0.00	0.00	0.00	50.73	

V5 - 01/01/2015: Grape

Field name: V5

Crop: Grape

Plant date: 01/01/2015

Application date	Application method	Precipitation 24 hours prior	Precipitation during application	Precipitation 24 hours following

V5 - 01/01/2015: Grape

Application date	Application method	Precipitation 24 hours prior	Precipitation during application	Precipitation 24 hours following
04/03/2023	Surface (irrigation)	No precipitation	No precipitation	No precipitation

Source description	Material type	N (lbs/acre)	P (lbs/acre)	K (lbs/acre)	Salt (lbs/acre)	Amount
Woodbridge Canal	Surface water	0.00	0.00	0.00	26.54	1,740,000.00 *gal*
Application event totals		0.00	0.00	0.00	26.54	

04/17/2023	Sidedress	No precipitation	No precipitation	No precipitation

Source description	Material type	N (lbs/acre)	P (lbs/acre)	K (lbs/acre)	Salt (lbs/acre)	Amount
UN32	Solid commercial fertilizer	16.00	0.00	0.00	0.00	
Application event totals		16.00	0.00	0.00	0.00	

04/17/2023	Surface (irrigation)	No precipitation	No precipitation	No precipitation

Source description	Material type	N (lbs/acre)	P (lbs/acre)	K (lbs/acre)	Salt (lbs/acre)	Amount
Woodbridge Canal	Surface water	0.00	0.00	0.00	26.54	1,740,000.00 *gal*
Application event totals		0.00	0.00	0.00	26.54	

05/02/2023	Surface (irrigation)	No precipitation	No precipitation	No precipitation

Source description	Material type	N (lbs/acre)	P (lbs/acre)	K (lbs/acre)	Salt (lbs/acre)	Amount
Woodbridge Canal	Surface water	0.00	0.00	0.00	26.54	1,740,000.00 *gal*
Application event totals		0.00	0.00	0.00	26.54	

05/17/2023	Sidedress	No precipitation	No precipitation	No precipitation

Source description	Material type	N (lbs/acre)	P (lbs/acre)	K (lbs/acre)	Salt (lbs/acre)	Amount
UN32	Solid commercial fertilizer	16.00	0.00	0.00	0.00	
Application event totals		16.00	0.00	0.00	0.00	

05/17/2023	Surface (irrigation)	No precipitation	No precipitation	No precipitation

Source description	Material type	N (lbs/acre)	P (lbs/acre)	K (lbs/acre)	Salt (lbs/acre)	Amount
Woodbridge Canal	Surface water	0.00	0.00	0.00	26.54	1,740,000.00 *gal*
Application event totals		0.00	0.00	0.00	26.54	

V5 - 01/01/2015: Grape

Application date	Application method	Precipitation 24 hours prior	Precipitation during application	Precipitation 24 hours following
06/01/2023	Surface (irrigation)	No precipitation	No precipitation	No precipitation

Source description	Material type	N (lbs/acre)	P (lbs/acre)	K (lbs/acre)	Salt (lbs/acre)	Amount
Woodbridge Canal	Surface water	0.00	0.00	0.00	26.54	1,740,000.00 *gal*
Application event totals		0.00	0.00	0.00	26.54	

Application date	Application method	Precipitation 24 hours prior	Precipitation during application	Precipitation 24 hours following
06/16/2023	Sidedress	No precipitation	No precipitation	No precipitation

Source description	Material type	N (lbs/acre)	P (lbs/acre)	K (lbs/acre)	Salt (lbs/acre)	Amount
UN32	Solid commercial fertilizer	16.00	0.00	0.00	0.00	
Application event totals		16.00	0.00	0.00	0.00	

Application date	Application method	Precipitation 24 hours prior	Precipitation during application	Precipitation 24 hours following
06/16/2023	Surface (irrigation)	No precipitation	No precipitation	No precipitation

Source description	Material type	N (lbs/acre)	P (lbs/acre)	K (lbs/acre)	Salt (lbs/acre)	Amount
Woodbridge Canal	Surface water	0.00	0.00	0.00	28.75	1,885,000.00 *gal*
Application event totals		0.00	0.00	0.00	28.75	

Application date	Application method	Precipitation 24 hours prior	Precipitation during application	Precipitation 24 hours following
07/01/2023	Surface (irrigation)	No precipitation	No precipitation	No precipitation

Source description	Material type	N (lbs/acre)	P (lbs/acre)	K (lbs/acre)	Salt (lbs/acre)	Amount
Woodbridge Canal	Surface water	0.00	0.00	0.00	28.75	1,885,000.00 *gal*
Application event totals		0.00	0.00	0.00	28.75	

Application date	Application method	Precipitation 24 hours prior	Precipitation during application	Precipitation 24 hours following
07/15/2023	Surface (irrigation)	No precipitation	No precipitation	No precipitation

Source description	Material type	N (lbs/acre)	P (lbs/acre)	K (lbs/acre)	Salt (lbs/acre)	Amount
Woodbridge Canal	Surface water	0.00	0.00	0.00	28.75	1,885,000.00 *gal*
Application event totals		0.00	0.00	0.00	28.75	

Application date	Application method	Precipitation 24 hours prior	Precipitation during application	Precipitation 24 hours following
07/30/2023	Sidedress	No precipitation	No precipitation	No precipitation

Source description	Material type	N (lbs/acre)	P (lbs/acre)	K (lbs/acre)	Salt (lbs/acre)	Amount
UN32	Solid commercial fertilizer	16.00	0.00	0.00	0.00	
Application event totals		16.00	0.00	0.00	0.00	

V5 - 01/01/2015: Grape

Application date	Application method	Precipitation 24 hours prior	Precipitation during application	Precipitation 24 hours following
07/30/2023	Surface (irrigation)	No precipitation	No precipitation	No precipitation

Source description	Material type	N (lbs/acre)	P (lbs/acre)	K (lbs/acre)	Salt (lbs/acre)	Amount
Woodbridge Canal	Surface water	0.00	0.00	0.00	28.75	1,885,000.00 *gal*
Application event totals		0.00	0.00	0.00	28.75	

Application date	Application method	Precipitation 24 hours prior	Precipitation during application	Precipitation 24 hours following
08/14/2023	Surface (irrigation)	No precipitation	No precipitation	No precipitation

Source description	Material type	N (lbs/acre)	P (lbs/acre)	K (lbs/acre)	Salt (lbs/acre)	Amount
Woodbridge Canal	Surface water	0.00	0.00	0.00	28.75	1,885,000.00 *gal*
Application event totals		0.00	0.00	0.00	28.75	

Application date	Application method	Precipitation 24 hours prior	Precipitation during application	Precipitation 24 hours following
08/29/2023	Surface (irrigation)	No precipitation	No precipitation	No precipitation

Source description	Material type	N (lbs/acre)	P (lbs/acre)	K (lbs/acre)	Salt (lbs/acre)	Amount
Woodbridge Canal	Surface water	0.00	0.00	0.00	28.75	1,885,000.00 *gal*
Application event totals		0.00	0.00	0.00	28.75	

Application date	Application method	Precipitation 24 hours prior	Precipitation during application	Precipitation 24 hours following
09/13/2023	Surface (irrigation)	No precipitation	No precipitation	No precipitation

Source description	Material type	N (lbs/acre)	P (lbs/acre)	K (lbs/acre)	Salt (lbs/acre)	Amount
Woodbridge Canal	Surface water	0.00	0.00	0.00	28.75	1,885,000.00 *gal*
Application event totals		0.00	0.00	0.00	28.75	

B. NUTRIENT BUDGET

V1 - 10/20/2022: Oats, silage-soft dough

Field name: V1 Crop: Oats, silage-soft dough Plant date: 10/20/2022

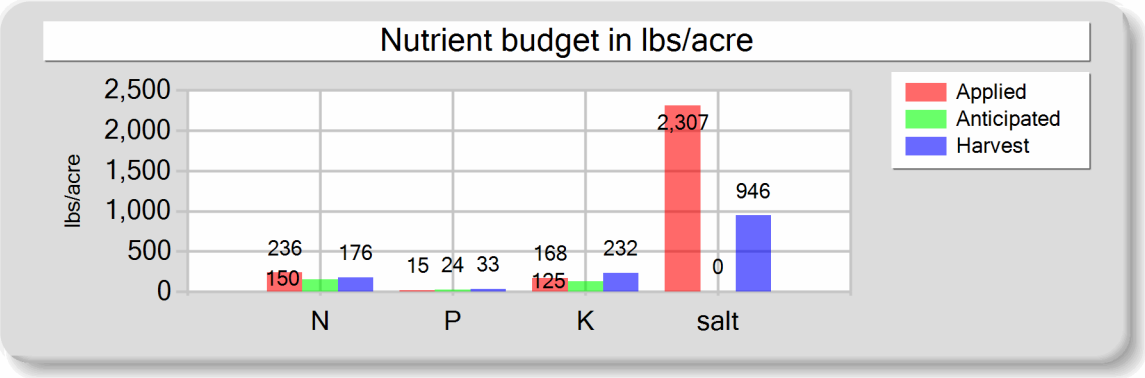

	Total N (lbs/acre)	Total P (lbs/acre)	Total K (lbs/acre)	Total salt (lbs/acre)
Existing soil nutrient content	0.00	0.00	0.00	0.00
Plowdown credit	0.00	0.00	0.00	0.00
Commercial fertilizer / Other	0.00	0.00	0.00	0.00
Dry manure	0.00	0.00	0.00	0.00
Process wastewater	228.92	15.44	168.24	2,307.23
Fresh water	0.00	0.00	0.00	0.00
Atmospheric deposition	7.00	0.00	0.00	0.00
Total nutrients applied	235.92	15.44	168.24	2,307.23
Anticipated crop nutrient removal	150.00	24.00	124.50	0.00
Actual crop nutrient removal	176.14	33.46	231.90	945.69
Nutrient balance	59.78	-18.01	-63.66	1,361.54
Applied to removed ratio	1.34	0.46	0.73	2.44

Fresh water applied	
2,400,000.00	*gallons*
88.38	*acre-inches*
4.42	*inches/acre*

Process wastewater applied	
720,000.00	*gallons*
26.52	*acre-inches*
1.33	*inches/acre*

Total harvests for the crop	
1	*harvests*

V1 - 06/11/2023: Corn, silage

Field name: V1 Crop: Corn, silage Plant date: 06/11/2023

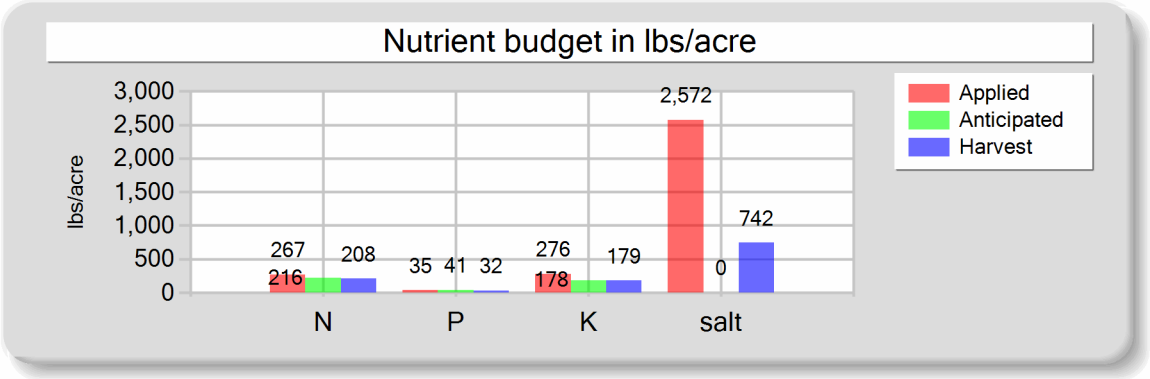

	Total N (lbs/acre)	Total P (lbs/acre)	Total K (lbs/acre)	Total salt (lbs/acre)
Existing soil nutrient content	0.00	0.00	0.00	0.00
Plowdown credit	0.00	0.00	0.00	0.00
Commercial fertilizer / Other	0.00	0.00	0.00	0.00
Dry manure	0.00	0.00	0.00	0.00
Process wastewater	260.44	34.64	276.23	2,200.68
Fresh water	0.00	0.00	0.00	371.52
Atmospheric deposition	7.00	0.00	0.00	0.00
Total nutrients applied	267.44	34.64	276.23	2,572.20
Anticipated crop nutrient removal	216.00	40.50	178.20	0.00
Actual crop nutrient removal	207.94	31.99	179.02	741.93
Nutrient balance	59.51	2.65	97.20	1,830.26
Applied to removed ratio	1.29	1.08	1.54	3.47

Fresh water applied	
16,800,000.00	*gallons*
618.69	*acre-inches*
30.93	*inches/acre*

Process wastewater applied	
864,000.00	*gallons*
31.82	*acre-inches*
1.59	*inches/acre*

Total harvests for the crop	
1	*harvests*

V2 - 10/20/2022: Oats, silage-soft dough

Field name: V2 Crop: Oats, silage-soft dough Plant date: 10/20/2022

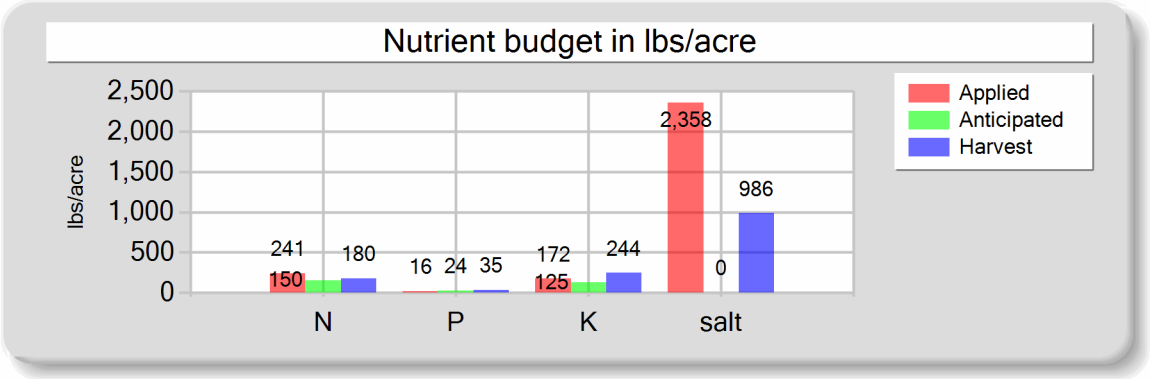

	Total N (lbs/acre)	Total P (lbs/acre)	Total K (lbs/acre)	Total salt (lbs/acre)
Existing soil nutrient content	0.00	0.00	0.00	0.00
Plowdown credit	0.00	0.00	0.00	0.00
Commercial fertilizer / Other	0.00	0.00	0.00	0.00
Dry manure	0.00	0.00	0.00	0.00
Process wastewater	234.01	15.78	171.97	2,358.50
Fresh water	0.00	0.00	0.00	0.00
Atmospheric deposition	7.00	0.00	0.00	0.00
Total nutrients applied	241.01	15.78	171.97	2,358.50
Anticipated crop nutrient removal	150.00	24.00	124.50	0.00
Actual crop nutrient removal	179.63	34.88	243.52	985.82
Nutrient balance	61.38	-19.10	-71.55	1,372.67
Applied to removed ratio	1.34	0.45	0.71	2.39

Fresh water applied	
1,800,000.00	*gallons*
66.29	*acre-inches*
4.42	*inches/acre*

Process wastewater applied	
552,000.00	*gallons*
20.33	*acre-inches*
1.36	*inches/acre*

Total harvests for the crop	
1	*harvests*

V2 - 06/11/2023: Corn, silage

Field name: V2 Crop: Corn, silage Plant date: 06/11/2023

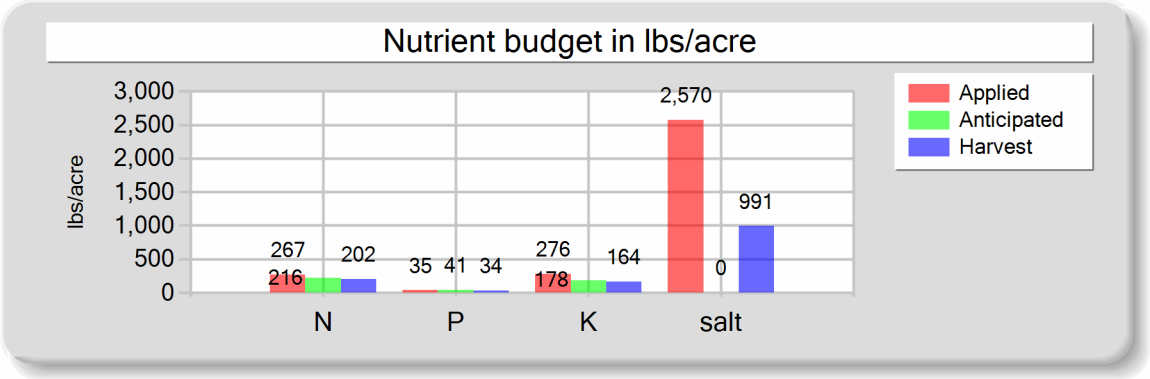

	Total N (lbs/acre)	Total P (lbs/acre)	Total K (lbs/acre)	Total salt (lbs/acre)
Existing soil nutrient content	0.00	0.00	0.00	0.00
Plowdown credit	0.00	0.00	0.00	0.00
Commercial fertilizer / Other	0.00	0.00	0.00	0.00
Dry manure	0.00	0.00	0.00	0.00
Process wastewater	260.44	34.64	276.23	2,200.68
Fresh water	0.00	0.00	0.00	369.31
Atmospheric deposition	7.00	0.00	0.00	0.00
Total nutrients applied	267.44	34.64	276.23	2,569.98
Anticipated crop nutrient removal	216.00	40.50	178.20	0.00
Actual crop nutrient removal	201.93	33.92	163.77	991.10
Nutrient balance	65.51	0.72	112.46	1,578.88
Applied to removed ratio	1.32	1.02	1.69	2.59

Fresh water applied	
12,525,000.00	*gallons*
461.25	*acre-inches*
30.75	*inches/acre*

Process wastewater applied	
648,000.00	*gallons*
23.86	*acre-inches*
1.59	*inches/acre*

Total harvests for the crop	
1	*harvests*

V3 - 10/22/2022: Oats, silage-soft dough

Field name: V3 Crop: Oats, silage-soft dough Plant date: 10/22/2022

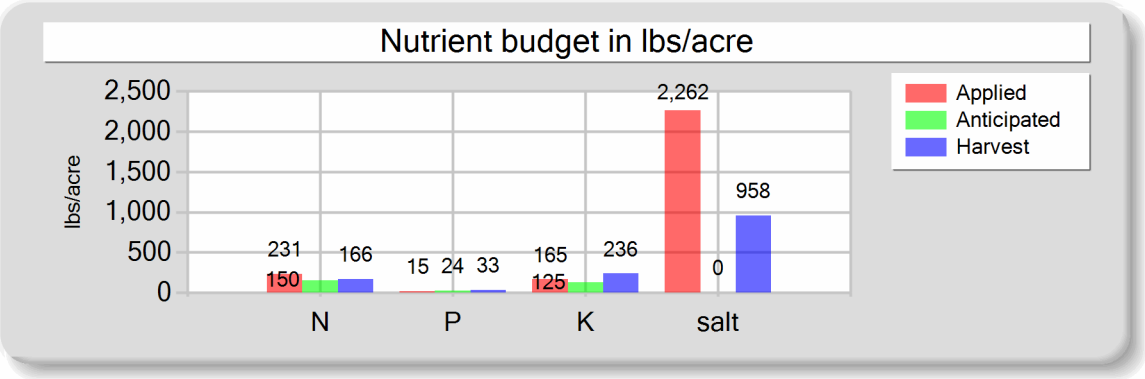

	Total N (lbs/acre)	Total P (lbs/acre)	Total K (lbs/acre)	Total salt (lbs/acre)
Existing soil nutrient content	0.00	0.00	0.00	0.00
Plowdown credit	0.00	0.00	0.00	0.00
Commercial fertilizer / Other	0.00	0.00	0.00	0.00
Dry manure	0.00	0.00	0.00	0.00
Process wastewater	224.43	15.14	164.94	2,261.99
Fresh water	0.00	0.00	0.00	0.00
Atmospheric deposition	7.00	0.00	0.00	0.00
Total nutrients applied	231.43	15.14	164.94	2,261.99
Anticipated crop nutrient removal	150.00	24.00	124.50	0.00
Actual crop nutrient removal	166.10	33.42	235.67	957.69
Nutrient balance	65.34	-18.28	-70.74	1,304.29
Applied to removed ratio	1.39	0.45	0.70	2.36

Fresh water applied	
2,100,000.00	*gallons*
77.34	*acre-inches*
4.55	*inches/acre*

Process wastewater applied	
600,000.00	*gallons*
22.10	*acre-inches*
1.30	*inches/acre*

Total harvests for the crop	
1	*harvests*

V3 - 06/11/2023: Corn, silage

Field name: V3 Crop: Corn, silage Plant date: 06/11/2023

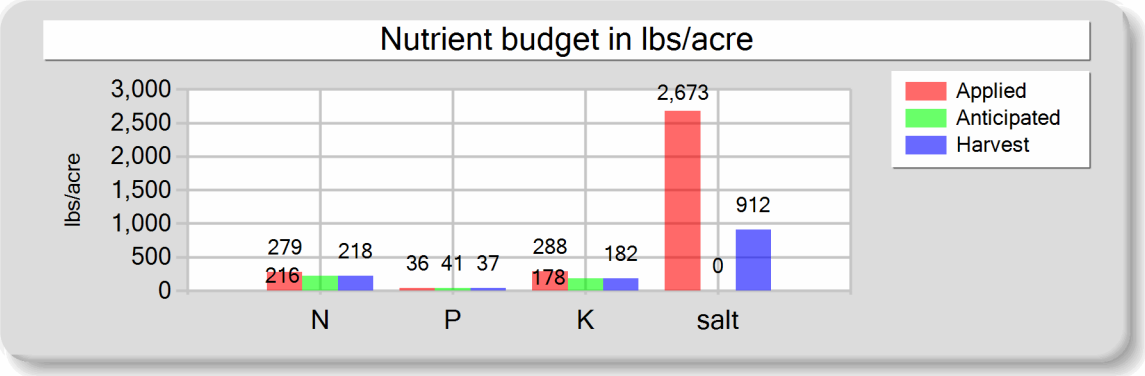

	Total N (lbs/acre)	Total P (lbs/acre)	Total K (lbs/acre)	Total salt (lbs/acre)
Existing soil nutrient content	0.00	0.00	0.00	0.00
Plowdown credit	0.00	0.00	0.00	0.00
Commercial fertilizer / Other	0.00	0.00	0.00	0.00
Dry manure	0.00	0.00	0.00	0.00
Process wastewater	272.10	36.35	288.33	2,304.40
Fresh water	0.00	0.00	0.00	368.79
Atmospheric deposition	7.00	0.00	0.00	0.00
Total nutrients applied	279.10	36.35	288.33	2,673.19
Anticipated crop nutrient removal	216.00	40.50	178.20	0.00
Actual crop nutrient removal	218.38	36.60	182.39	911.71
Nutrient balance	60.72	-0.25	105.94	1,761.48
Applied to removed ratio	1.28	0.99	1.58	2.93

Fresh water applied	
14,175,000.00	*gallons*
522.02	*acre-inches*
30.71	*inches/acre*

Process wastewater applied	
768,000.00	*gallons*
28.28	*acre-inches*
1.66	*inches/acre*

Total harvests for the crop	
1	*harvests*

V5 - 01/01/2015: Grape

Field name: V5 Crop: Grape Plant date: 01/01/2015

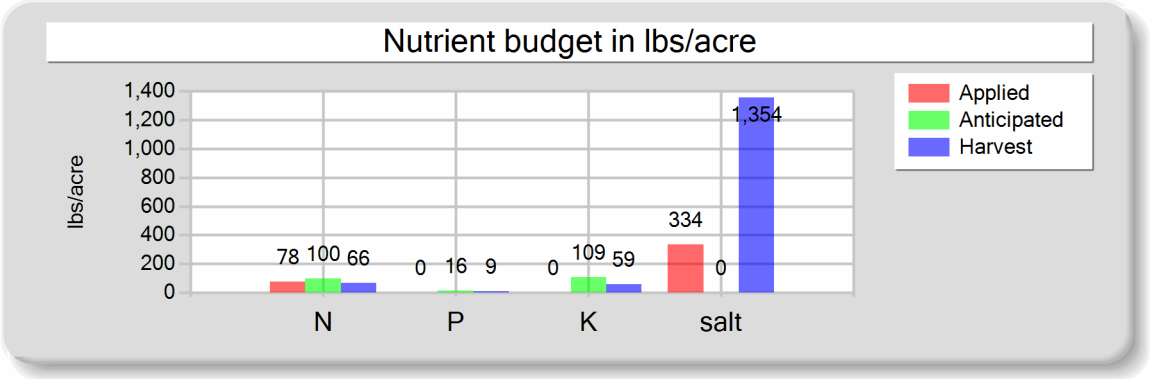

	Total N (lbs/acre)	Total P (lbs/acre)	Total K (lbs/acre)	Total salt (lbs/acre)
Existing soil nutrient content	0.00	0.00	0.00	0.00
Plowdown credit	0.00	0.00	0.00	0.00
Commercial fertilizer / Other	64.00	0.00	0.00	0.00
Dry manure	0.00	0.00	0.00	0.00
Process wastewater	0.00	0.00	0.00	0.00
Fresh water	0.00	0.00	0.00	333.93
Atmospheric deposition	14.00	0.00	0.00	0.00
Total nutrients applied	78.00	0.00	0.00	333.93
Anticipated crop nutrient removal	99.60	15.60	109.20	0.00
Actual crop nutrient removal	66.17	9.35	58.55	1,354.38
Nutrient balance	11.83	-9.35	-58.55	-1,020.45
Applied to removed ratio	1.18	0.00	0.00	0.25

Fresh water applied	
21,895,000.00	*gallons*
806.32	*acre-inches*
27.80	*inches/acre*

Process wastewater applied	
0.00	*gallons*
0.00	*acre-inches*
0.00	*inches/acre*

Total harvests for the crop	
1	*harvests*

NUTRIENT ANALYSES

A. MANURE ANALYSES

Corral Solids Dairy 2

Sample and source description: Corral Solids Dairy 2
Sample date: 04/18/2023 Material type: Corral solids Source of analysis: Lab analysis Method of reporting: As-is
Moisture: 41.6 %

	Total N (mg/kg)	Total P (mg/kg)	Total K (mg/kg)	Calcium (mg/kg)	Magnesium (mg/kg)	Sodium (mg/kg)	Sulfur (mg/kg)	Chloride (mg/kg)	Total salt (mg/kg)	TFS (%)
Value	22,200.00	11,600.00	25,500.00	31,200.00	13,800.00	8,800.00	6,400.00	0.00		50.80
DL	100.00	100.00	100.00	100.00	100.00	100.00	100.00	50.00		0.01

Corral Solids Dairy 2

Sample and source description: Corral Solids Dairy 2
Sample date: 10/10/2023 Material type: Corral solids Source of analysis: Lab analysis Method of reporting: Dry-weight
Moisture: 56.5 %

	Total N (mg/kg)	Total P (mg/kg)	Total K (mg/kg)	Calcium (mg/kg)	Magnesium (mg/kg)	Sodium (mg/kg)	Sulfur (mg/kg)	Chloride (mg/kg)	Total salt (mg/kg)	TFS (%)
Value	13,100.00	3,120.00	7,340.00	0.00	0.00	0.00	0.00	0.00		63.40
DL	100.00	100.00	100.00	100.00	100.00	100.00	100.00	50.00		0.01

B. PROCESS WASTEWATER ANALYSES

WWQ1

Sample and source description: WWQ1
Sample date: 02/22/2023 Material type: Process wastewater Source of analysis: Lab analysis pH: 0.00

	Kjeldahl-N (mg/L)	NH4-N (mg/L)	NH3-N (mg/L)	Nitrate-N (mg/L)	Total P (mg/L)	Total K (mg/L)	Calcium (mg/L)	Magnes. (mg/L)	Sodium (mg/L)	Bicarb. (mg/L)	Carb. (mg/L)	Sulfate (mg/L)	Chloride (mg/L)	EC (µmhos/cm)	TDS (mg/L)
Value	762.00	549.00	0.00	0.00	51.40	560.00	258.00	114.00	0.00	0.00	0.00	367.00	195.00	9,000.00	7,680
DL	0.50	0.50	0.50	0.50	0.50	0.50	0.50	0.50	0.50	0.50	2.00	1.00	0.10	1.00	10

WWQ2

Sample and source description: WWQ2

Sample date: 04/11/2023 Material type: Process wastewater Source of analysis: Lab analysis pH: 0.00

	Kjeldahl-N (mg/L)	NH4-N (mg/L)	NH3-N (mg/L)	Nitrate-N (mg/L)	Total P (mg/L)	Total K (mg/L)	Calcium (mg/L)	Magnes. (mg/L)	Sodium (mg/L)	Bicarb. (mg/L)	Carb. (mg/L)	Sulfate (mg/L)	Chloride (mg/L)	EC (µmhos/cm)	TDS (mg/L)
Value	678.00	370.00	0.00	0.00	118.00	676.00	0.00	0.00	0.00	0.00	0.00	0.00	0.00	5,960.00	6,620
DL	0.50	0.50	0.50	0.50	0.50	0.50	0.50	0.50	0.50	0.50	2.00	1.00	0.10	1.00	10

WWQ3

Sample and source description: WWQ3

Sample date: 07/25/2023 Material type: Process wastewater Source of analysis: Lab analysis pH: 0.00

	Kjeldahl-N (mg/L)	NH4-N (mg/L)	NH3-N (mg/L)	Nitrate-N (mg/L)	Total P (mg/L)	Total K (mg/L)	Calcium (mg/L)	Magnes. (mg/L)	Sodium (mg/L)	Bicarb. (mg/L)	Carb. (mg/L)	Sulfate (mg/L)	Chloride (mg/L)	EC (µmhos/cm)	TDS (mg/L)
Value	778.00	546.00	0.00	0.00	68.70	879.00	0.00	0.00	0.00	0.00	0.00	0.00	0.00	9,560.00	5,460
DL	0.50	0.50	0.50	0.50	0.50	0.50	0.50	0.50	0.50	0.50	2.00	1.00	0.10	1.00	10

WWQ4

Sample and source description: WWQ4

Sample date: 10/31/2023 Material type: Process wastewater Source of analysis: Lab analysis pH: 0.00

	Kjeldahl-N (mg/L)	NH4-N (mg/L)	NH3-N (mg/L)	Nitrate-N (mg/L)	Total P (mg/L)	Total K (mg/L)	Calcium (mg/L)	Magnes. (mg/L)	Sodium (mg/L)	Bicarb. (mg/L)	Carb. (mg/L)	Sulfate (mg/L)	Chloride (mg/L)	EC (µmhos/cm)	TDS (mg/L)
Value	314.00	213.00	0.00	0.00	51.80	357.00	0.00	0.00	0.00	0.00	0.00	0.00	0.00	3,630.00	3,300
DL	0.50	0.50	0.50	0.50	0.50	0.50	0.50	0.50	0.50	0.50	2.00	1.00	0.10	1.00	10

C. FRESH WATER ANALYSES

IW H1

IW H1

IW H1

Sample description: IW H1

Sample date: 08/31/2023 Source of analysis: Lab analysis

	Total N (mg/L)	NH4-N (mg/L)	Nitrate-N (mg/L)	Calcium (mg/L)	Magnesium (mg/L)	Sodium (mg/L)	Bicarbonate (mg/L)	Carbonate (mg/L)	Sulfate (mg/L)	Chloride (mg/L)	EC (µmhos/cm)	TDS (mg/L)
Value	3.80	0.00	0.00	0.00	0.00	0.00	0.00	0.00	0.00	0.00	391.00	250
DL	0.50	0.50	0.50	0.50	0.50	0.50	0.50	2.00	1.00	0.10	1.00	10

Woodbridge Canal

Woodbridge Canal

Sample description: Woodbridge Canal

Sample date: 08/11/2022 Source of analysis: Lab analysis

	Total N (mg/L)	NH4-N (mg/L)	Nitrate-N (mg/L)	Calcium (mg/L)	Magnesium (mg/L)	Sodium (mg/L)	Bicarbonate (mg/L)	Carbonate (mg/L)	Sulfate (mg/L)	Chloride (mg/L)	EC (µmhos/cm)	TDS (mg/L)
Value	0.00	0.00	0.00	0.00	0.00	0.00	0.00	0.00	0.00	0.00	0.00	0
DL	0.50	0.50	0.50	0.50	0.50	0.50	0.50	2.00	1.00	0.10	1.00	10

Woodbridge Canal

Sample description: Woodbridge Canal

Sample date: 08/17/2023 Source of analysis: Lab analysis

	Total N (mg/L)	NH4-N (mg/L)	Nitrate-N (mg/L)	Calcium (mg/L)	Magnesium (mg/L)	Sodium (mg/L)	Bicarbonate (mg/L)	Carbonate (mg/L)	Sulfate (mg/L)	Chloride (mg/L)	EC (µmhos/cm)	TDS (mg/L)
Value	0.00	0.00	0.00								66.60	53
DL	1.00	1.00	1.00								10.00	10

D. SOIL ANALYSES

V1

V1

Soil

Sample and source description: Soil

Sample date: 10/31/2023 Source of analysis: Lab analysis

	Nitrate-N (mg/kg)	Total P (mg/kg)	Soluble P (mg/kg)	K (mg/kg)	EC (µmhos/cm)	Organic matter (%)	Total salt (mg/kg)
Value			90.00				
DL			4.00				

V2

Soil

Sample and source description: Soil

Sample date: 10/31/2023 Source of analysis: Lab analysis

	Nitrate-N (mg/kg)	Total P (mg/kg)	Soluble P (mg/kg)	K (mg/kg)	EC (µmhos/cm)	Organic matter (%)	Total salt (mg/kg)
Value			88.00				
DL			4.00				

V3

Soil

Sample and source description: Soil

Sample date: 10/31/2023 Source of analysis: Lab analysis

	Nitrate-N (mg/kg)	Total P (mg/kg)	Soluble P (mg/kg)	K (mg/kg)	EC (µmhos/cm)	Organic matter (%)	Total salt (mg/kg)
Value			98.00				
DL			4.00				

V5

V5

Soil

Sample and source description: Soil

Sample date: 10/31/2023 Source of analysis: Lab analysis

	Nitrate-N (mg/kg)	Total P (mg/kg)	Soluble P (mg/kg)	K (mg/kg)	EC (µmhos/cm)	Organic matter (%)	Total salt (mg/kg)
Value			38.00				
DL			4.00				

E. PLANT TISSUE ANALYSES

V1 - 10/20/2022: Oats, silage-soft dough

Forage

Sample and source description: Forage

Sample date: 05/03/2023 Source of analysis: Lab analysis Method of reporting: As-is

Moisture: 72.8 %

	Total N (mg/kg)	Total P (mg/kg)	Total K (mg/kg)	Total salt (mg/kg)	TFS (%)
Value	5,370.00	1,020.00	7,070.00		10.60
DL	100.00	100.00	100.00		0.01

V1 - 06/11/2023: Corn, silage

Corn Silage

Sample and source description: Corn Silage

Sample date: 10/10/2023 Source of analysis: Lab analysis Method of reporting: As-is

Moisture: 73.2 %

	Total N (mg/kg)	Total P (mg/kg)	Total K (mg/kg)	Total salt (mg/kg)	TFS (%)
Value	3,380.00	520.00	2,910.00		4.50
DL	100.00	100.00	100.00		0.01

V2 - 10/20/2022: Oats, silage-soft dough

Forage

Sample and source description: Forage

Sample date: 05/03/2023 Source of analysis: Lab analysis Method of reporting: As-is

Moisture: 71.2 %

	Total N (mg/kg)	Total P (mg/kg)	Total K (mg/kg)	Total salt (mg/kg)	TFS (%)
Value	5,510.00	1,070.00	7,470.00		10.50
DL	100.00	100.00	100.00		0.01

V2 - 06/11/2023: Corn, silage

Corn Silage

Sample and source description: Corn Silage

Sample date: 10/10/2023 Source of analysis: Lab analysis Method of reporting: As-is

Moisture: 66.0 %

	Total N (mg/kg)	Total P (mg/kg)	Total K (mg/kg)	Total salt (mg/kg)	TFS (%)
Value	3,810.00	640.00	3,090.00		5.50
DL	100.00	100.00	100.00		0.01

V3 - 10/22/2022: Oats, silage-soft dough

Forage

Sample and source description: Forage

Sample date: 05/03/2023 Source of analysis: Lab analysis Method of reporting: As-is

Moisture: 74.0 %

	Total N (mg/kg)	Total P (mg/kg)	Total K (mg/kg)	Total salt (mg/kg)	TFS (%)
Value	4,870.00	980.00	6,910.00		10.80
DL	100.00	100.00	100.00		0.01

V3 - 06/11/2023: Corn, silage

Corn Silage

Sample and source description: Corn Silage

Sample date: 10/10/2023 Source of analysis: Lab analysis Method of reporting: As-is

Moisture: 71.8 %

	Total N (mg/kg)	Total P (mg/kg)	Total K (mg/kg)	Total salt (mg/kg)	TFS (%)
Value	3,580.00	600.00	2,990.00		5.30
DL	100.00	100.00	100.00		0.01

V5 - 01/01/2015: Grape

Grapes

Sample and source description: Grapes

Sample date: 09/28/2023 Source of analysis: Lab analysis Method of reporting: As-is

Moisture: 70.4 %

	Total N (mg/kg)	Total P (mg/kg)	Total K (mg/kg)	Total salt (mg/kg)	TFS (%)
Value	2,690.00	380.00	2,380.00		18.60
DL	100.00	100.00	100.00		0.01

F. SUBSURFACE (TILE) DRAINAGE ANALYSES

No subsurface (tile) drainage analyses entered.

NUTRIENT APPLICATIONS, POTENTIAL REMOVAL, AND BALANCE

A. SUMMARY OF NUTRIENT APPLICATIONS, POTENTIAL REMOVAL, AND BALANCE

	Total N (lbs)	Total P (lbs)	Total K (lbs)	Total salt (lbs)
Existing soil nutrient content	0.00	0.00	0.00	0.00
Plowdown credit	0.00	0.00	0.00	0.00
Commercial fertilizer / Other	1,856.00	0.00	0.00	0.00
Dry manure	0.00	0.00	0.00	0.00
Process wastewater	25,645.05	2,633.40	23,317.80	236,174.18
Fresh water	0.00	0.00	0.00	28,923.23
Atmospheric deposition	1,134.00	0.00	0.00	0.00
Total nutrients applied	28,635.05	2,633.40	23,317.80	265,097.41
Anticipated crop nutrient removal	21,920.40	3,806.40	18,907.20	0.00
Actual crop nutrient removal	21,859.94	3,802.45	23,132.70	134,463.01
Nutrient balance	6,775.11	-1,169.05	185.10	130,634.40
Applied to removed ratio	1.31	0.69	1.01	1.97

B. POUNDS OF NUTRIENT APPLIED VS. CROP REMOVAL

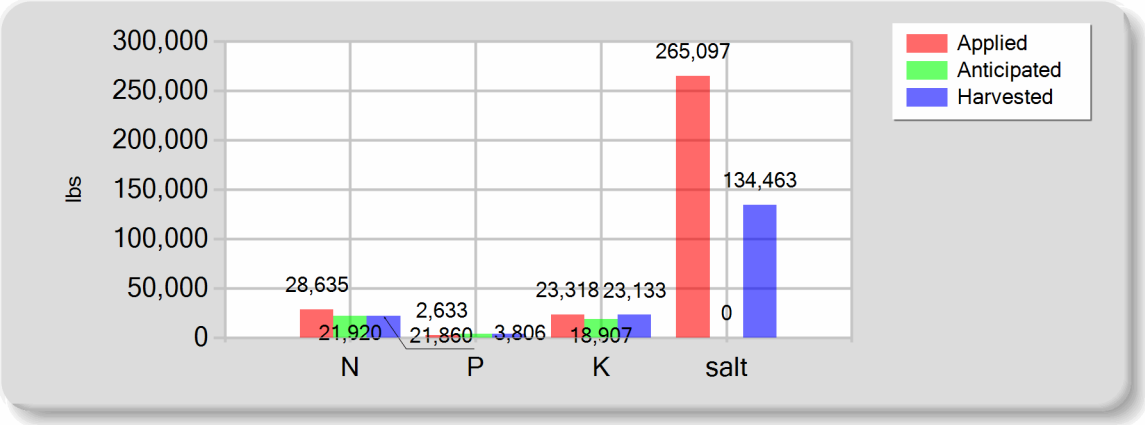

C. POUNDS OF NUTRIENT APPLIED BY MATERIAL TYPE

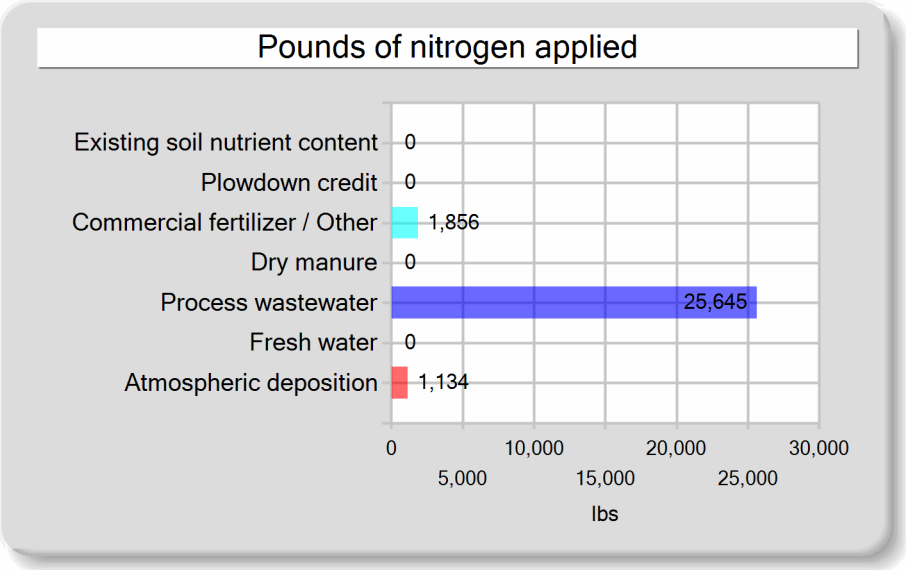

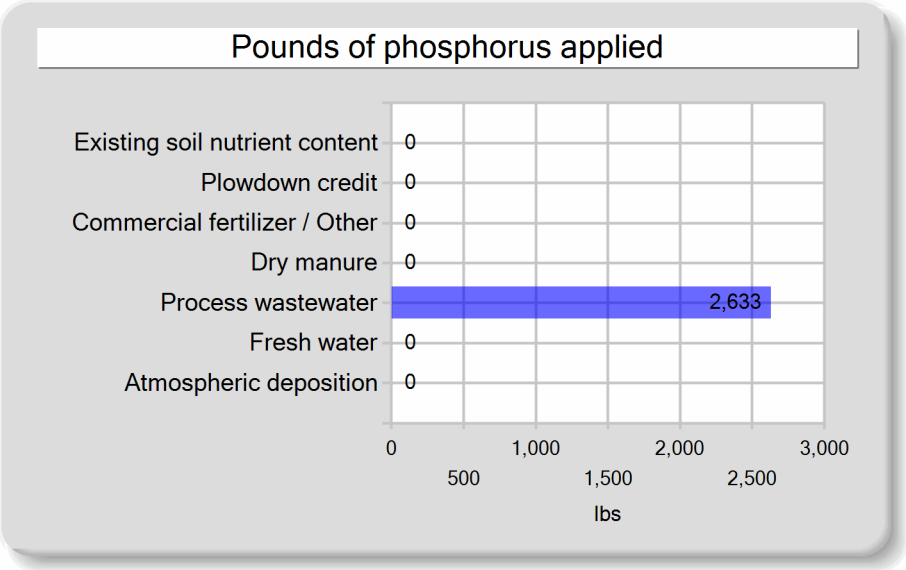

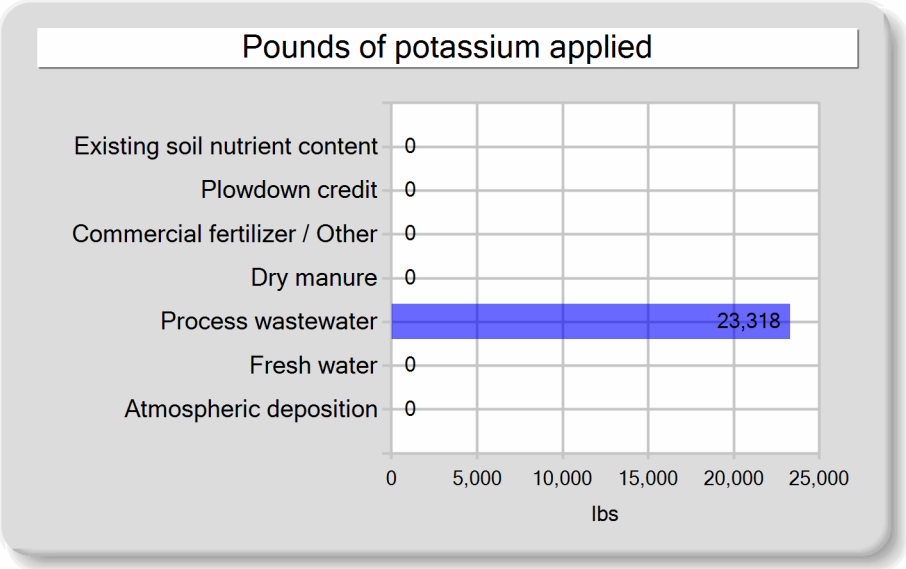

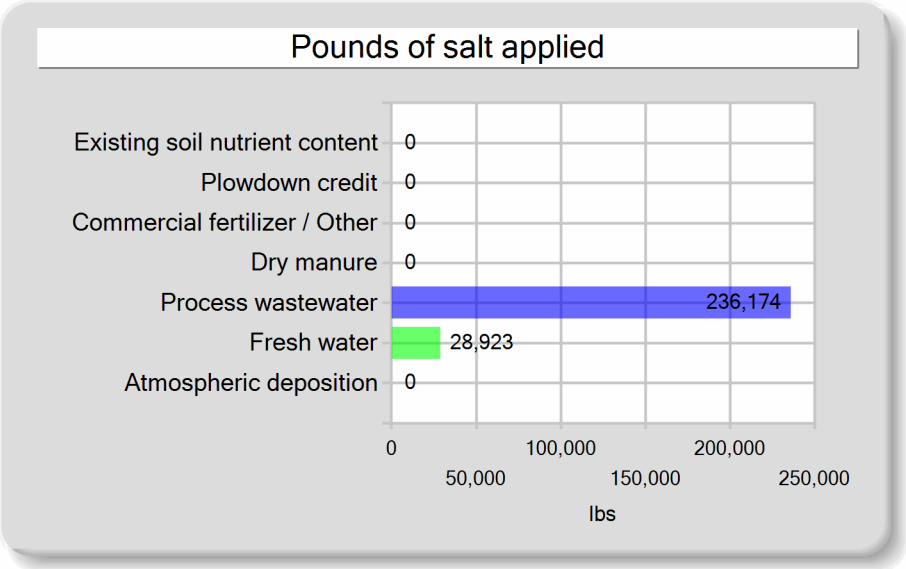

EXCEPTION REPORTING

A. MANURE, PROCESS WASTEWATER, AND OTHER DAIRY WASTE DISCHARGES

The following is a summary of all manure and process wastewater discharges from the production area to surface water or to land areas (land application areas or otherwise) when not in accordance with the facility's Nutrient Management Plan.

No manure or process wastewater discharges occurred during the reporting period.

B. STORM WATER DISCHARGES

The following is a summary of all storm water discharges from the production area to surface water during the reporting period when not in accordance with the facility 's Nutrient Management Plan.

No stormwater discharges occurred during the reporting period.

C. LAND APPLICATION AREA TO SURFACE WATER DISCHARGES

The following is a summary of all discharges from the land application area to surface water that have occurred during the reporting period when not in accordance with the facility's Nutrient Management Plan.

No land application area to surface water discharges occurred during the reporting period.

NUTRIENT MANAGEMENT PLAN AND EXPORT AGREEMENT STATEMENTS

A. NUTRIENT MANAGEMENT PLAN STATEMENTS

Was the facility's NMP updated in the reporting period?	Yes
Was the facility's NMP developed by a certified nutrient management planner (specialist) as specified in Attachment C of the General Order?	Yes
Was the facility's NMP approved by a certified nutrient management planner (specialist) as specified in Attachment C of the General Order?	Yes

B. EXPORT AGREEMENT STATEMENT

Are there any written agreements with third parties to receive manure or process wastewater that are new or were revised within the reporting period?	Yes

ADDITIONAL NOTES

A. NOTES

No notes entered for this annual report.

CERTIFICATION

A. OWNER AND/OR OPERATOR CERTIFICATION

I certify under penalty of law that I have personally examined and am familiar with the information submitted in this document and all attachments and that, based on my inquiry of those individuals immediately responsible for obtaining the information, I believe that the information is true, accurate, and complete. I am aware that there are significant penalties for submitting false information, including the possibility of fine and imprisonment.

Hank Van Exel
Hank Van Exel (Apr 2, 2024 11:27 PDT)

SIGNATURE OF OWNER OF FACILITY	SIGNATURE OF OPERATOR OF FACILITY
Henry Paul Van Exel	SAME AS OWNER
PRINT OR TYPE NAME	PRINT OR TYPE NAME
Apr 2, 2024	
DATE	DATE

ATTACHMENTS

A. REQUIRED ATTACHMENTS

The following lists the required documents that should be attached to the Annual Report when submitted .

Annual Dairy Facility Assessment
Provide an Annual Dairy Facility Assessment (an update to the Preliminary Dairy Facility Assessment in Attachment A) for each reporting period. On the PDFA Final page, click on the ADFA Report button to generate an ADFA report after updating information as needed .

Manure/Process Wastewater Tracking Manifests
Provide copies of all manure/process wastewater tracking manifests for the reporting period, signed by both the owner/operator and the hauler.

Written Agreements
Provide copies of all new or revised written agreements with each third party that receives solid manure or process wastewater from the Discharger for its own use.

Corrective Actions Documents
Provide records documenting any corrective actions taken to correct deficiencies noted as a result of the inspections required in the Monitoring Requirements of the General Order. Deficiencies not corrected in 30 days must be accompanied by an explanation of the factors preventing immediate correction.

Groundwater Monitoring
Dischargers that monitor supply wells or subsurface (tile) drainage systems, or that have monitoring well systems must submit monitoring results as directed in the General Order, Groundwater Reporting Section starting on page MRP-13.

Storm Water Monitoring
Dischargers that are required to monitor storm water more frequently than required in the General Order must submit monitoring results as directed in the General Order, Storm Water Reporting Section on page MRP-14.

ATTACHMENT D

Manure/Process Wastewater Tracking Manifest
For
Existing Milk Cow Dairies

Instructions:

1) Complete one manifest for each hauling event, for each destination. A hauling event may last for several days, as long as the manure is being hauled to the same destination.
2) If there are multiple destinations, **complete a separate form for each destination.**
3) The operator must obtain the signature of the hauler upon completion of each manure-hauling event.
4) The operator shall submit copies of manure/process wastewater tracking manifest(s) with the Annual Monitoring Report for Existing Milk Cow Dairies.

Operator Information:

Name of Operator: Hank Van Exel

Name of Dairy Facility: Van Exel Dairy #2

Facility Address: 18948 N. Thornton Road (Number and Street) Lodi, CA (City) 95242 (Zip Code)

Contact Person Name and Phone Number: Hank Van Exel (Name) 209-810-0880 (Phone Number)

Manure/Process Wastewater Hauler Information:

Name of Hauling Company/Person: Van Exel Dairy

Address of Hauling Company /Person: 20002 N. Thornton Road, (Number and Street) Lodi, CA (City) 95242 (Zip Code)

Contact Person: Hank Van Exel (Name) 209-810-0880 (Phone Number)

Destination Information:

Composting Facility / Broker / Farmer / Other (identify) _____ (please circle one)

Contact information of Composting Facility, Broker, Farmer, or Other (as identified above):

Van Exel Dairy (Name) 20002 N. Thornton Road, (Number and Street) Lodi, CA (City) 95242 (Zip Code) 209-334-3292 (Phone Number)

Manure/Process Wastewater Destination Address or Assessor's Parcel Number:

20002 N. Thornton Road, (Number and Street) Lodi, CA (City) 95242 (Zip Code) 011-140-23 (Assessor's Parcel Number)

Dates Hauled: 5/5/23 - 5/16/23

Amount Hauled:

Enter the amount of manure hauled in tons or cubic yards (indicate the units used), the manure solids content (if amount reported in tons) or manure density (if amount reported in cubic yards), and the method used to calculate the amount:

Manure: 2620 Tons or Cubic Yards (indicate which units used)

Manure Solids Content (if amount reported in tons): 41.6 % moisture

Manure Density (if amount reported in cubic yards): _____

Method used to determine amount of manure: _____

262 loads at 10 ton per load

Enter the amount of process wastewater hauled in gallons and the method used to determine the amount.

Process Wastewater: _____ Gallons

Method used to determine volume of process wastewater: _____

_____

Written Agreement:
Does the Operator have a written agreement (in compliance with Land Application Specification E.3 of Reissued Waste Discharge Requirements General Order No. R5-2013-0122) with any party that receives process wastewater from the Operator for its own use? (please check one)

____ Yes _____ No

If the answer is no, the Operator agrees to have such a written agreement with any such party for any process wastewater transferred after **31 December 2007** to such party.
_____ (Operator shall provide initials here to acknowledge this requirement).

Certification:
I declare under the penalty of law that I personally examined and am familiar with the information submitted in this document, and that based on my inquiry of those individuals immediately responsible for obtaining the information, I believe that the information is true, accurate, and complete. I am aware that there are significant penalties for submitting false information, including the possibility of a fine and imprisonment for knowing violations.

Operator's Signature: Hank Van Exel (Hank Van Exel (Apr 2, 2024 11:27 PDT)) Date: Apr 2, 2024

Hauler's Signature: Hank Van Exel (Hank Van Exel (Apr 2, 2024 11:27 PDT)) Date: Apr 2, 2024

ATTACHMENT D

Manure/Process Wastewater Tracking Manifest
For
Existing Milk Cow Dairies

Instructions:

1) Complete one manifest for each hauling event, for each destination. A hauling event may last for several days, as long as the manure is being hauled to the same destination.
2) If there are multiple destinations, **complete a separate form for each destination.**
3) The operator must obtain the signature of the hauler upon completion of each manure-hauling event.
4) The operator shall submit copies of manure/process wastewater tracking manifest(s) with the Annual Monitoring Report for Existing Milk Cow Dairies.

Operator Information:

Name of Operator: Hank Van Exel

Name of Dairy Facility: Van Exel Dairy #2

Facility Address: 18948 N. Thornton Road (Number and Street) Lodi, CA (City) 95242 (Zip Code)

Contact Person Name and Phone Number: Hank Van Exel (Name) 209-810-0880 (Phone Number)

Manure/Process Wastewater Hauler Information:

Name of Hauling Company/Person: Van Exel Dairy (via concrete ditch)

Address of Hauling Company /Person: 20002 N. Thornton Road, (Number and Street) Lodi, CA (City) 95242 (Zip Code)

Contact Person: Hank Van Exel (Name) 209-810-0880 (Phone Number)

Destination Information:

Composting Facility / Broker / Farmer / Other (identify) _____ (please circle one)

Contact information of Composting Facility, Broker, Farmer, or Other (as identified above):

Van Exel Dairy (Name) 20002 N. Thornton Road, (Number and Street) Lodi, CA (City) 95242 (Zip Code) 209-334-3292 (Phone Number)

Manure/Process Wastewater Destination Address or Assessor's Parcel Number:

20002 N. Thornton Road, (Number and Street) Lodi, CA (City) 95242 (Zip Code) 011-140-23 (Assessor's Parcel Number)

Dates Hauled: 1/16/23

Amount Hauled:

Enter the amount of manure hauled in tons or cubic yards (indicate the units used), the manure solids content (if amount reported in tons) or manure density (if amount reported in cubic yards), and the method used to calculate the amount:

Manure: _____ Tons or Cubic Yards (indicate which units used)

Manure Solids Content (if amount reported in tons): _____

Manure Density (if amount reported in cubic yards): _____

Method used to determine amount of manure: _____

_____

Enter the amount of process wastewater hauled in gallons and the method used to determine the amount.

Process Wastewater: 768,000 Gallons

Method used to determine volume of process wastewater: _____

Pump GPM - 16 hours at 800 gallons per minute

Written Agreement:
Does the Operator have a written agreement (in compliance with Land Application Specification E.3 of Reissued Waste Discharge Requirements General Order No. R5-2013-0122) with any party that receives process wastewater from the Operator for its own use? (please check one)

____ Yes _____ No

If the answer is no, the Operator agrees to have such a written agreement with any such party for any process wastewater transferred after **31 December 2007** to such party.
_____ (Operator shall provide initials here to acknowledge this requirement).

Certification:
I declare under the penalty of law that I personally examined and am familiar with the information submitted in this document, and that based on my inquiry of those individuals immediately responsible for obtaining the information, I believe that the information is true, accurate, and complete. I am aware that there are significant penalties for submitting false information, including the possibility of a fine and imprisonment for knowing violations.

Operator's Signature: Hank Van Exel (Hank Van Exel (Apr 2, 2024 11:27 PDT)) Date: Apr 2, 2024

Hauler's Signature: Hank Van Exel (Hank Van Exel (Apr 2, 2024 11:27 PDT)) Date: Apr 2, 2024

ATTACHMENT D

Manure/Process Wastewater Tracking Manifest
For
Existing Milk Cow Dairies

Instructions:

1) Complete one manifest for each hauling event, for each destination. A hauling event may last for several days, as long as the manure is being hauled to the same destination.
2) If there are multiple destinations, **complete a separate form for each destination.**
3) The operator must obtain the signature of the hauler upon completion of each manure-hauling event.
4) The operator shall submit copies of manure/process wastewater tracking manifest(s) with the Annual Monitoring Report for Existing Milk Cow Dairies.

Operator Information:

Name of Operator: Hank Van Exel

Name of Dairy Facility: Van Exel Dairy #2

Facility Address: 18948 N. Thornton Road (Number and Street) Lodi, CA (City) 95242 (Zip Code)

Contact Person Name and Phone Number: Hank Van Exel (Name) 209-810-0880 (Phone Number)

Manure/Process Wastewater Hauler Information:

Name of Hauling Company/Person: Van Exel Dairy (via concrete ditch)

Address of Hauling Company /Person: 20002 N. Thornton Road, (Number and Street) Lodi, CA (City) 95242 (Zip Code)

Contact Person: Hank Van Exel (Name) 209-810-0880 (Phone Number)

Destination Information:

Composting Facility / Broker / Farmer / Other (identify) _____ (please circle one)

Contact information of Composting Facility, Broker, Farmer, or Other (as identified above):

Van Exel Dairy (Name) 20002 N. Thornton Road, (Number and Street) Lodi, CA (City) 95242 (Zip Code) 209-334-3292 (Phone Number)

Manure/Process Wastewater Destination Address or Assessor's Parcel Number:

20002 N. Thornton Road, (Number and Street) Lodi, CA (City) 95242 (Zip Code) 011-140-23 (Assessor's Parcel Number)

Dates Hauled: 3/25/23

Amount Hauled:

Enter the amount of manure hauled in tons or cubic yards (indicate the units used), the manure solids content (if amount reported in tons) or manure density (if amount reported in cubic yards), and the method used to calculate the amount:

Manure: _____ Tons or Cubic Yards (indicate which units used)

Manure Solids Content (if amount reported in tons): _____

Manure Density (if amount reported in cubic yards): _____

Method used to determine amount of manure: _____

_____

Enter the amount of process wastewater hauled in gallons and the method used to determine the amount.

Process Wastewater: 672,000 Gallons

Method used to determine volume of process wastewater: _____

Pump GPM - 14 hours at 800 gallons per minute

Written Agreement:
Does the Operator have a written agreement (in compliance with Land Application Specification E.3 of Reissued Waste Discharge Requirements General Order No. R5-2013-0122) with any party that receives process wastewater from the Operator for its own use? (please check one)

____ Yes _____ No

If the answer is no, the Operator agrees to have such a written agreement with any such party for any process wastewater transferred after **31 December 2007** to such party.
_____ (Operator shall provide initials here to acknowledge this requirement).

Certification:
I declare under the penalty of law that I personally examined and am familiar with the information submitted in this document, and that based on my inquiry of those individuals immediately responsible for obtaining the information, I believe that the information is true, accurate, and complete. I am aware that there are significant penalties for submitting false information, including the possibility of a fine and imprisonment for knowing violations.

Operator's Signature: Hank Van Exel
Hank Van Exel (Apr 2, 2024 11:27 PDT) Date: Apr 2, 2024

Hauler's Signature: Hank Van Exel
Hank Van Exel (Apr 2, 2024 11:27 PDT) Date: Apr 2, 2024

ATTACHMENT D

Manure/Process Wastewater Tracking Manifest
For
Existing Milk Cow Dairies

Instructions:

1) Complete one manifest for each hauling event, for each destination. A hauling event may last for several days, as long as the manure is being hauled to the same destination.
2) If there are multiple destinations, **complete a separate form for each destination.**
3) The operator must obtain the signature of the hauler upon completion of each manure-hauling event.
4) The operator shall submit copies of manure/process wastewater tracking manifest(s) with the Annual Monitoring Report for Existing Milk Cow Dairies.

Operator Information:

Name of Operator: Hank Van Exel

Name of Dairy Facility: Van Exel Dairy #2

Facility Address: 18948 N. Thornton Road (Number and Street) Lodi, CA (City) 95242 (Zip Code)

Contact Person Name and Phone Number: Hank Van Exel (Name) 209-810-0880 (Phone Number)

Manure/Process Wastewater Hauler Information:

Name of Hauling Company/Person: Van Exel Dairy (via concrete ditch)

Address of Hauling Company /Person: 20002 N. Thornton Road, (Number and Street) Lodi, CA (City) 95242 (Zip Code)

Contact Person: Hank Van Exel (Name) 209-810-0880 (Phone Number)

Destination Information:

Composting Facility / Broker / Farmer / Other (identify) _____ (please circle one)

Contact information of Composting Facility, Broker, Farmer, or Other (as identified above):

Van Exel Dairy (Name) 20002 N. Thornton Road, (Number and Street) Lodi, CA (City) 95242 (Zip Code) 209-334-3292 (Phone Number)

Manure/Process Wastewater Destination Address or Assessor's Parcel Number:

20002 N. Thornton Road, (Number and Street) Lodi, CA (City) 95242 (Zip Code) 011-140-23 (Assessor's Parcel Number)

Dates Hauled: 9/12/23

Amount Hauled:

Enter the amount of manure hauled in tons or cubic yards (indicate the units used), the manure solids content (if amount reported in tons) or manure density (if amount reported in cubic yards), and the method used to calculate the amount:

Manure: _____ Tons or Cubic Yards (indicate which units used)

Manure Solids Content (if amount reported in tons): _____

Manure Density (if amount reported in cubic yards): _____

Method used to determine amount of manure: _____

_____

Enter the amount of process wastewater hauled in gallons and the method used to determine the amount.

Process Wastewater: 624,000 Gallons

Method used to determine volume of process wastewater: _____

Pump GPM - 13 hours at 800 gallons per minute

Written Agreement:
Does the Operator have a written agreement (in compliance with Land Application Specification E.3 of Reissued Waste Discharge Requirements General Order No. R5-2013-0122) with any party that receives process wastewater from the Operator for its own use? (please check one)

____ Yes _____ No

If the answer is no, the Operator agrees to have such a written agreement with any such party for any process wastewater transferred after **31 December 2007** to such party.
_____ (Operator shall provide initials here to acknowledge this requirement).

Certification:
I declare under the penalty of law that I personally examined and am familiar with the information submitted in this document, and that based on my inquiry of those individuals immediately responsible for obtaining the information, I believe that the information is true, accurate, and complete. I am aware that there are significant penalties for submitting false information, including the possibility of a fine and imprisonment for knowing violations.

Operator's Signature: Hank Van Exel
Hank Van Exel (Apr 2, 2024 11:27 PDT) Date: Apr 2, 2024

Hauler's Signature: Hank Van Exel
Hank Van Exel (Apr 2, 2024 11:27 PDT) Date: Apr 2, 2024

ATTACHMENT D

Manure/Process Wastewater Tracking Manifest
For
Existing Milk Cow Dairies

Instructions:

1) Complete one manifest for each hauling event, for each destination. A hauling event may last for several days, as long as the manure is being hauled to the same destination.
2) If there are multiple destinations, **complete a separate form for each destination.**
3) The operator must obtain the signature of the hauler upon completion of each manure-hauling event.
4) The operator shall submit copies of manure/process wastewater tracking manifest(s) with the Annual Monitoring Report for Existing Milk Cow Dairies.

Operator Information:

Name of Operator: Hank Van Exel

Name of Dairy Facility: Van Exel Dairy #2

Facility Address: 18948 N. Thornton Road (Number and Street) Lodi, CA (City) 95242 (Zip Code)

Contact Person Name and Phone Number: Hank Van Exel (Name) 209-810-0880 (Phone Number)

Manure/Process Wastewater Hauler Information:

Name of Hauling Company/Person: Van Exel Dairy (via concrete ditch)

Address of Hauling Company /Person: 20002 N. Thornton Road, (Number and Street) Lodi, CA (City) 95242 (Zip Code)

Contact Person: Hank Van Exel (Name) 209-810-0880 (Phone Number)

Destination Information:

Composting Facility / Broker / Farmer / Other (identify) _____ (please circle one)

Contact information of Composting Facility, Broker, Farmer, or Other (as identified above):

Van Exel Dairy (Name) 20002 N. Thornton Road, (Number and Street) Lodi, CA (City) 95242 (Zip Code) 209-334-3292 (Phone Number)

Manure/Process Wastewater Destination Address or Assessor's Parcel Number:

20002 N. Thornton Road, (Number and Street) Lodi, CA (City) 95242 (Zip Code) 011-140-23 (Assessor's Parcel Number)

Dates Hauled: 11/17/23

Amount Hauled:

Enter the amount of manure hauled in tons or cubic yards (indicate the units used), the manure solids content (if amount reported in tons) or manure density (if amount reported in cubic yards), and the method used to calculate the amount:

Manure: _____ Tons or Cubic Yards (indicate which units used)

Manure Solids Content (if amount reported in tons): _____

Manure Density (if amount reported in cubic yards): _____

Method used to determine amount of manure: _____

_____

Enter the amount of process wastewater hauled in gallons and the method used to determine the amount.

Process Wastewater: 768,000 Gallons

Method used to determine volume of process wastewater: _____

Pump GPM - 16 hours at 800 gallons per minute

Written Agreement:
Does the Operator have a written agreement (in compliance with Land Application Specification E.3 of Reissued Waste Discharge Requirements General Order No. R5-2013-0122) with any party that receives process wastewater from the Operator for its own use? (please check one)

____ Yes _____ No

If the answer is no, the Operator agrees to have such a written agreement with any such party for any process wastewater transferred after **31 December 2007** to such party.
_____ (Operator shall provide initials here to acknowledge this requirement).

Certification:
I declare under the penalty of law that I personally examined and am familiar with the information submitted in this document, and that based on my inquiry of those individuals immediately responsible for obtaining the information, I believe that the information is true, accurate, and complete. I am aware that there are significant penalties for submitting false information, including the possibility of a fine and imprisonment for knowing violations.

Operator's Signature: Hank Van Exel Hank Van Exel (Apr 2, 2024 11:27 PDT) Date: Apr 2, 2024

Hauler's Signature: Hank Van Exel Hank Van Exel (Apr 2, 2024 11:27 PDT) Date: Apr 2, 2024

WATER WORK REQUEST

DELLAVALLE LABORATORY, INC.

1910 W. McKinley Avenue, Suite 110 • Fresno, CA 93728
www.dellavallelab.com 559 233-6129 · 800 228-9896 · Fax 559 268-8174

Purchase Order No

Bill To: Acct # 0 Cons # 13

Results Need By

Name: Van Exel

Address: 20002 N Thornton Rd

City: Lodi State: CA Zip: 95242

Telephone: 209 334-3292 Fax:

Cell/Email:

COPY TO: F&R Ag Services
& J Sawyer @ Fragservices.com

REQUESTED BY: Jeanette Sawyer

PROJECT:

CROP:

No. Samples: No of Bottles:

Water Type: [ ] Drinking Water [ ] Wastewater
[ ] Ag Water [ ] Groundwater [ ] Monitoring Well

Other:

Analysis and Bottles Required: (*Please indicate Analysis*)

DCWI

[ ] Co. Health Dept
[ ] RWQCB [ ] Copy of Chain
[ ] State Forms [ ] QA/QC Documents

Sampled By:

	Description of Samples	Date Sampled	Time Sampled	Rec'd Temp °C	Field EC
1	IW BI	8/31/23	Start 7AM		
2	DI-1				
3	HI				
4	RHI				
5	WI				
6	Slough				
7					
8					
9					
10					

CHAIN OF CUSTODY

Carrier	Signature	Company	Received (Date/Time)	Relinquished (Date/Time)
First	Jeanette Sawyer	F&R Ag Services		
Second				
Third				
Fourth				

I guarantee that as the client, or on behalf of client named, I have the authority to contract the above requested services. Should it be found that I do not have such authority, I agree to be personally liable for all costs and, if there should be action against me for this breach, reasonable attorneys' fees. It is understood that payment is expected to be cash with samples unless terms have been previously arranged. Terms are net 30 days; overdue accounts will be charged a liquidated damage fee of 2% per month (annually 24%) or $5.00 per month whichever is greater.

If payment is not made when due and a legitimate dispute exists concerning the product or services of Dellavalle Laboratory, Inc., it will be submitted to mediation under the Rules and Procedures of Creative Alternative to Litigation, Inc. (*cal*). If the dispute is not resolved in mediation, then the dispute will be submitted to binding arbitration through *cal* under its Rules and Procedures. The parties will equally bear the costs of mediation/arbitration. If, however, the mediator declares that no legitimate dispute exists, then debtor will pay all mediation and arbitration costs, and in the event of arbitration, reasonable attorneys' fees of Dellavalle Laboratory.

Invoicing Information:

Sampling hrs
Miles
Consulting

Amt Paid	Rec By	Check #	Date

Shipping

$ In
$ Out

Signature

Sample received in cooler with ice (coolant)

[ ] Yes [ ] No

DELLAVALLE™ LABORATORY INC

Report of Dairy Canal Water Analysis

Van Exel Dairy
20002 N Thornton Rd
Lodi CA 95242
00-0026173 08

E-mail: jsawyer@fragservices.com
Copy To:

Lab No.: 23H2462
Sampled By:
Requested By: Jeanette Sawyer
Submitted Date: 08/31/23
Reported Date: 09/06/23
Project:
Crop ID:

		Date Sampled	Time Sampled	EC µmhos/cm	EC mmhos/cm	NO_3-N mg/L	TDS mg/L	TKN mg/L	Total Nitrogen TN mg/L
1	IW B1	8/31/23	7:00	1070	1.07	23.0	740	ND	23.3
2	IW D1-1	8/31/23	7:00	1210	1.21	40.2	860	ND	40.2
3	IW H1	8/31/23	7:00	391	0.39	3.4	250	ND	3.8
4	IW RH1	8/31/23	7:00	302	0.30	3.0	220	ND	3.16
5	IW W1	8/31/23	7:00	137	0.14	10.5	140	ND	10.8
6	Slough	8/31/23	7:00	31	0.03	ND	38.8	ND	ND

ND = None Detected

Approved By: Scott M Friedland
Laboratory Director\Technical Manager
ELAP Certification #1595
A2LA Certification #6440.02

WATER WORK REQUEST

DELLAVALLE LABORATORY, INC.

1910 W. McKinley Avenue, Suite 110 • Fresno, CA 93728
www.dellavallelab.com 559 233-6129 · 800 228-9896 · Fax 559 268-8174

nase Order No | Bill To: Acct # 0 | Cons # 13

Results Need By

Name: Van Exel Dairy
Address: 20002 N Thornton Rd
City: Lodi State: CA Zip: 95242
Telephone: 209 334-3292 Fax:
Cell/Email:
COPY TO: F&R Ag Services
& J Sawyer@Frogservices.com
REQUESTED BY: Jeanette Sawyer
PROJECT:
CROP:

No. Samples: No of Bottles:

Water Type: [ ] Drinking Water [ ] Wastewater
[ ] Ag Water [ ] Groundwater [ ] Monitoring Well

Other:

Analysis and Bottles Required: (*Please indicate Analysis*)

DWW 1

[ ] Co. Health Dept
[ ] RWQCB [ ] Copy of Chain
[ ] State Forms [ ] QA/QC Documents

Sampled By:

	Description of Samples	Date Sampled	Time Sampled	Rec'd Temp °C	Field EC
1	DW D1-2	8/31/23	Start 7AM		
2	D1-3				
3	D2-1				
4	D2-2				
5	H2				
6	K1				
7	K2				
8	P1				
9	RH1				
10	V2				

CHAIN OF CUSTODY

Carrier	Signature	Company	Received (Date/Time)	Relinquished (Date/Time)
First	Jeanette Sawyer	F&R Ag Services		
Second				
Third				
Fourth				

I guarantee that as the client, or on behalf of client named, I have the authority to contract the above requested services. Should it be found that I do not have such authority, I agree to be personally liable for all costs and, if there should be action against me for this breach, reasonable attorneys' fees. It is understood that payment is expected to be cash with samples unless terms have been previously arranged. Terms are net 30 days; overdue accounts will be charged a liquidated damage fee of 2% per month (annually 24%) or $5.00 per month whichever is greater.

If payment is not made when due and a legitimate dispute exists concerning the product or services of Dellavalle Laboratory, Inc., it will be submitted to mediation under the Rules and Procedures of Creative Alternative to Litigation, Inc. (*cal*). If the dispute is not resolved in mediation, then the dispute will be submitted to binding arbitration through *cal* under its Rules and Procedures. The parties will equally bear the costs of mediation/arbitration. If, however, the mediator declares that no legitimate dispute exists, then debtor will pay all mediation and arbitration costs, and in the event of arbitration, reasonable attorneys' fees of Dellavalle Laboratory.

Invoicing Information:

pling hrs
es
Consulting

Shipping
$ In
$ Out

Amt Paid	Rec By	Check #	Date

Signature
Sample received in cooler with ice (coolant)
[ ] Yes [ ] No

DELLAVALLE™ LABORATORY INC

Report of Dairy Well Water Analysis

Van Exel Dairy
20002 N Thornton Rd
Lodi CA 95242
00-0026173 13

E-mail: jsawyer@fragservices.com
Copy To:

Lab No.: 23H2461
Sampled By:
Requested By: Jeanette Sawyer
Submitted Date: 08/31/23
Reported Date: 09/06/23
Project:
Crop ID:

		Date Sampled	Time Sampled	EC µmhos/cm	EC mmhos/cm	NO_3-N mg/L	Nitrogen agricultural use Calcs calculated from nitrate-N lbs/AcFoot	lbs/AcInch
1	DW D1-2	8/31/23	7:00	589	0.59	ND	0.00	0.00
2	DW D1-3	8/31/23	7:00	589	0.59	0.1	0.27	0.02
3	DW D2-1	8/31/23	7:00	1200	1.20	33.9	92.55	7.71
4	DW D2-2	8/31/23	7:00	1200	1.20	33.9	92.55	7.71
5	DW H2	8/31/23	7:00	1190	1.19	33.7	92.00	7.67
6	DW K1	8/31/23	7:00	1240	1.24	26.3	71.80	5.98
7	DW K2	8/31/23	7:00	1260	1.26	25.6	69.89	5.82
8	DW P1	8/31/23	7:00	1680	1.68	36.9	100.74	8.39
9	DW RH1	8/31/23	7:00	473	0.47	0.7	1.91	0.16
10	DW V2	8/31/23	7:00	1620	1.62	45.5	124.22	10.35

Water for Crop Use Nutrient Management	Total Salts	Total Salts	Nitrate Nitrogen
Low Levels	< 900	< 0.90	< 2.0
Significant Levels	900-2200	0.90-2.2	2.0-10.0
High Levels	2200+	2.2+	10.0+

Sampling abbreviations: H.B. = hose bib, S.P. = stand pipe, Dom. = domestic well, IR = irrigation well, AG = ag well.

Nitrate exceeds Water Quality MCL levels if results are above 10 mg/l nitrate-nitrogen NO3-N (equivalent to 45 mg/l nitrate, NO3).

Total Salt results are used to monitor changes of salt in the well aquifers between annual tests.

MCL = Maximum Contaminant Level according to the California Domestic Water Quality and Monitoring Regulations (Title 22)

MDL = Method Detection Limit; **RL** = Reporting Limit, mg/L = ppm.

SM = Standard Methods for the Examination of Water and Wastewater

EPA = Environmental Protection Agency methods used unless otherwise indicated.

Van Exel Dairy #2 2023 Annual Report

Final Audit Report 2024-04-02

Created:	2024-03-29
By:	Vince Furtado (vfurtado@fragservices.com)
Status:	Signed
Transaction ID:	CBJCHBCAABAA6FKsA2AdNqb62_6002wQPXr4-2O0NJFX

"Van Exel Dairy #2 2023 Annual Report" History

Document created by Vince Furtado (vfurtado@fragservices.com)
2024-03-29 - 9:44:03 PM GMT

Document emailed to lavanexel@gmail.com for signature
2024-03-29 - 9:48:28 PM GMT

Email viewed by lavanexel@gmail.com
2024-03-30 - 2:20:08 AM GMT

Signer lavanexel@gmail.com entered name at signing as Hank Van Exel
2024-04-02 - 6:26:59 PM GMT

Document e-signed by Hank Van Exel (lavanexel@gmail.com)
Signature Date: 2024-04-02 - 6:27:01 PM GMT - Time Source: server

Agreement completed.
2024-04-02 - 6:27:01 PM GMT