Annual Report - General Order No. R5-2007-0035
Reporting period 01/01/2023 to 12/31/2023.

DAIRY FACILITY INFORMATION

A. NAME OF DAIRY OR BUSINESS OPERATING THE DAIRY: Charleston Road Dairy

Physical address of dairy:

Number and Street	City	County	Zip Code
19556 W Charleston RD	Los Banos	Merced	93635

Street and nearest cross street (if no address):

Date facility was originally placed in operation: 01/01/1930

Regional Water Quality Control Board Basin Plan designation: San Joaquin River Basin

County Assessor Parcel Number(s) for dairy facility:

0088-0100-0063-0000

B. OPERATORS

Luis, Brian

Operator name: Luis, Brian

Telephone no.: (209) 678-1472 (Landline) (Cellular)

Mailing Address Number and Street	City	State	Zip Code
1692 Mahogany DR	Los Banos	CA	93635

C. OWNERS

Santos, David

Legal owner name: Santos, David

Telephone no.: (209) 826-1093 (Landline) (Cellular)

Mailing Address Number and Street	City	State	Zip Code
720 Jefferson RD	Los Banos	CA	93635

This owner is responsible for paying permit fees.

AVAILABLE NUTRIENTS

A. HERD INFORMATION

	Milk Cows	Dry Cows	Bred Heifers (15-24 mo.)	Heifers (7-14 mo. to breeding)	Calves (4-6 mo.)	Calves (0-3 mo.)
Number open confinement	0	265	300	250	160	180
Number under roof	1,495	0	0	0	0	0
Maximum number	1,495	265	300	250	160	180
Average number	1,495	265	300	250	160	180
Avg live weight (lbs)	1,400	1,450	900	650		

Predominant milk cow breed: Holstein

Average milk production: 65 *pounds per cow per day*

B. MANURE GENERATED

Total manure excreted by the herd: 47,880.57 *tons per reporting period*

Total nitrogen from manure: 607,854.66 *lbs per reporting period*

After ammonia losses (30% loss applied): 425,498.26 *lbs per reporting period*

Total phosphorus from manure: 99,219.27 *lbs per reporting period*

Total potassium from manure: 281,395.22 *lbs per reporting period*

Total salt from manure: 764,857.50 *lbs per reporting period*

C. PROCESS WASTEWATER GENERATED

Process wastewater generated: 25,356,500 *gallons*

Total nitrogen generated: 197,016.73 *lbs*

Total phosphorus generated: 21,692.02 *lbs*

Total potassium generated: 210,140.87 *lbs*

Total salt generated: 1,760,146.18 *lbs*

	24,102,500	*gallons applied*
+	1,254,000	*gallons exported*
-	0	*gallons imported*
=	25,356,500	*gallons generated*

D. FRESH WATER SOURCES

Source Description	Type
CCID	Surface water

E. SUBSURFACE (TILE) DRAINAGE SOURCES

No subsurface (tile) drainage sources entered.

F. NUTRIENT IMPORTS

No dry manure nutrient imports entered.

No process wastewater nutrient imports entered.

Date	Material type / Description	Quantity	Reporting basis	Moisture (%)	N (%)	P (%)	K (%)	Salt (%)
04/12/2023	Solid commercial fertilizer *UN32*	38.75 *ton*	Dry-weight	0.1	32.000000	0.000000	0.000000	0.000000

Material type	Total N (lbs)	Total P (lbs)	Total K (lbs)	Total salt (lbs)
Commercial fertilizer / Other	24,775.20	0.00	0.00	0.00
Dry manure	0.00	0.00	0.00	0.00
Process wastewater	0.00	0.00	0.00	0.00
Total imports for all materials	24,775.20	0.00	0.00	0.00

G. NUTRIENT EXPORTS

Date	Material type	Quantity	Reporting basis	Moisture (%)	Density (lbs/cu ft)	N (mg/kg)	P (mg/kg)	K (mg/kg)	Salt (mg/kg)	TFS (%)
05/01/2023	Corral solids	2,100.00 *ton*	Dry-weight	56.6		14,200.00	2,140.00	8,060.00		53.90
05/01/2023	Corral solids	1,640.00 *ton*	Dry-weight	57.4		2,200.00	6,770.00	24,400.00		61.80
10/05/2023	Corral solids	820.00 *ton*	Dry-weight	54.0		15,400.00	4,490.00	37,500.00		39.10
10/05/2023	Corral solids	290.00 *ton*	Dry-weight	54.0		15,400.00	4,490.00	37,500.00		39.10
10/06/2023	Corral solids	4,470.00 *ton*	Dry-weight	54.0		15,400.00	4,490.00	37,500.00		39.10

Date	Material type	Quantity	Kjeldahl-N (mg/L)	Ammonium-N (mg/L)	Ammonia-N (mg/L)	Nitrate-N (mg/L)	P (mg/L)	K (mg/L)	EC (µmhos/cm)	TDS (mg/L)
10/15/2023	Process wastewater sludge	1,016,500.00 *gal*	3,020.00	952.00	0.00	0.00	0.00	0.00		2,900
10/15/2023	Process wastewater sludge	237,500.00 *gal*	3,020.00	952.00	0.00	0.00	0.00	0.00		2,900

Material type	Total N (lbs)	Total P (lbs)	Total K (lbs)	Total salt (lbs)
Dry manure	108,015.22	36,410.24	241,295.40	3,853,245.84
Process wastewater	31,603.18	0.00	0.00	30,347.43
Total exports for all materials	139,618.40	36,410.24	241,295.40	3,883,593.27

APPLICATION AREA

A. LIST OF LAND APPLICATION AREAS

Field name	Controlled acres	Cropable acres	Total harvests	Type of waste applied	Parcel number
FA 10	54	54	2	process wastewater	X088-X100-X087-XXXX
FA 11	56	56	2	process wastewater	X088-X100-X087-XXXX
FA 12	40	40	1	none	X088-X100-X087-XXXX
FA 17	34	34	1	process wastewater	X088-X100-X088-XXXX
FA 18	33	33	1	process wastewater	X088-X100-X088-XXXX
FA 6	88	88	1	process wastewater	X088-X100-X087-XXXX
FA 7	67	67	1	process wastewater	X088-X100-X087-XXXX
FA 8	68	68	2	process wastewater	X088-X100-X087-XXXX
FA 9	56	56	2	process wastewater	X088-X100-X087-XXXX
Totals for areas that were used for application	456	456	12		
Totals for areas that were not used for application	40	40	1		
Land application area totals	496	496	13		

B. CROPS AND HARVESTS

FA 10

Field name: FA 10

11/06/2022: Wheat Hay

Crop: Wheat Hay Acres planted: 54 Plant date: 11/06/2022

Harvest date	Yield	Reporting basis	Density (lbs/cu ft)	Moisture (%)	N (mg/kg)	P (mg/kg)	K (mg/kg)	Salt (mg/kg)	TFS (%)
05/31/2023	394.00 *ton*	As-is		10.0	16,050.00	3,960.00	51,300.00		13.40

	Yield (tons/acre)	Total N (lbs/acre)	Total P (lbs/acre)	Total K (lbs/acre)	Salt (lbs/acre)
Anticipated harvest content	4.00	132.00	20.40	99.60	0.00
Total actual harvest content	7.30	234.21	57.79	748.60	1,759.87

FA 10

06/21/2023: Corn, silage

Crop: Corn, silage Acres planted: 54 Plant date: 06/21/2023

Harvest date	Yield	Reporting basis	Density (lbs/cu ft)	Moisture (%)	N (mg/kg)	P (mg/kg)	K (mg/kg)	Salt (mg/kg)	TFS (%)
10/01/2023	1,345.00 *ton*	As-is		70.0	5,200.00	810.00	2,880.00		5.61

	Yield (tons/acre)	Total N (lbs/acre)	Total P (lbs/acre)	Total K (lbs/acre)	Salt (lbs/acre)
Anticipated harvest content	32.00	256.00	48.00	211.20	0.00
Total actual harvest content	24.91	259.04	40.35	143.47	838.38

FA 11

Field name: FA 11

11/07/2022: Wheat Hay

Crop: Wheat Hay Acres planted: 56 Plant date: 11/07/2022

Harvest date	Yield	Reporting basis	Density (lbs/cu ft)	Moisture (%)	N (mg/kg)	P (mg/kg)	K (mg/kg)	Salt (mg/kg)	TFS (%)
05/31/2023	323.00 *ton*	As-is		10.0	16,020.00	4,050.00	47,700.00		14.40

	Yield (tons/acre)	Total N (lbs/acre)	Total P (lbs/acre)	Total K (lbs/acre)	Salt (lbs/acre)
Anticipated harvest content	4.00	132.00	20.40	99.60	0.00
Total actual harvest content	5.77	184.80	46.72	550.25	1,495.03

06/29/2023: Corn, silage

Crop: Corn, silage Acres planted: 56 Plant date: 06/29/2023

Harvest date	Yield	Reporting basis	Density (lbs/cu ft)	Moisture (%)	N (mg/kg)	P (mg/kg)	K (mg/kg)	Salt (mg/kg)	TFS (%)
10/10/2023	1,431.00 *ton*	As-is		70.0	5,710.00	720.00	3,000.00		7.98

	Yield (tons/acre)	Total N (lbs/acre)	Total P (lbs/acre)	Total K (lbs/acre)	Salt (lbs/acre)
Anticipated harvest content	32.00	256.00	48.00	211.20	0.00
Total actual harvest content	25.55	291.82	36.80	153.32	1,223.51

FA 12

Field name: FA 12

10/05/2022: Alfalfa, hay

Crop: Alfalfa, hay Acres planted: 40 Plant date: 10/05/2022

Harvest date	Yield	Reporting basis	Density (lbs/cu ft)	Moisture (%)	N (mg/kg)	P (mg/kg)	K (mg/kg)	Salt (mg/kg)	TFS (%)
11/01/2023	381.00 *ton*	As-is		8.7	33,100.00	3,090.00	17,600.00		10.50

	Yield (tons/acre)	Total N (lbs/acre)	Total P (lbs/acre)	Total K (lbs/acre)	Salt (lbs/acre)
Anticipated harvest content	8.00	480.00	43.20	336.00	0.00
Total actual harvest content	9.53	630.56	58.86	335.28	1,826.23

FA 17

Field name: FA 17

11/30/2020: Alfalfa, hay

Crop: Alfalfa, hay Acres planted: 34 Plant date: 11/30/2020

Harvest date	Yield	Reporting basis	Density (lbs/cu ft)	Moisture (%)	N (mg/kg)	P (mg/kg)	K (mg/kg)	Salt (mg/kg)	TFS (%)
11/01/2023	244.00 *ton*	As-is		8.7	33,100.00	3,090.00	17,600.00		10.50

	Yield (tons/acre)	Total N (lbs/acre)	Total P (lbs/acre)	Total K (lbs/acre)	Salt (lbs/acre)
Anticipated harvest content	8.00	480.00	43.20	336.00	0.00
Total actual harvest content	7.18	475.08	44.35	252.61	1,375.94

FA 18

Field name: FA 18

FA 18

11/30/2020: Alfalfa, hay

Crop: Alfalfa, hay Acres planted: 33 Plant date: 11/30/2020

Harvest date	Yield	Reporting basis	Density (lbs/cu ft)	Moisture (%)	N (mg/kg)	P (mg/kg)	K (mg/kg)	Salt (mg/kg)	TFS (%)
11/01/2023	189.00 *ton*	As-is		8.8	35,100.00	2,980.00	19,500.00		10.80

	Yield (tons/acre)	Total N (lbs/acre)	Total P (lbs/acre)	Total K (lbs/acre)	Salt (lbs/acre)
Anticipated harvest content	8.00	480.00	43.20	336.00	0.00
Total actual harvest content	5.73	402.05	34.13	223.36	1,128.23

FA 6

Field name: FA 6

04/12/2023: Tomato

Crop: Tomato Acres planted: 88 Plant date: 04/12/2023

Harvest date	Yield	Reporting basis	Density (lbs/cu ft)	Moisture (%)	N (mg/kg)	P (mg/kg)	K (mg/kg)	Salt (mg/kg)	TFS (%)
08/05/2023	6,738.00 *ton*	As-is		94.3	1,600.00	300.00	2,700.00		10.20

	Yield (tons/acre)	Total N (lbs/acre)	Total P (lbs/acre)	Total K (lbs/acre)	Salt (lbs/acre)
Anticipated harvest content	60.00	150.00	54.00	342.00	0.00
Total actual harvest content	76.57	245.02	45.94	413.47	890.33

FA 7

Field name: FA 7

FA 7

04/12/2023: Tomato

Crop: Tomato Acres planted: 67 Plant date: 04/12/2023

Harvest date	Yield	Reporting basis	Density (lbs/cu ft)	Moisture (%)	N (mg/kg)	P (mg/kg)	K (mg/kg)	Salt (mg/kg)	TFS (%)
08/05/2023	4,828.00 *ton*	As-is		94.3	1,600.00	300.00	2,700.00		10.20

	Yield (tons/acre)	Total N (lbs/acre)	Total P (lbs/acre)	Total K (lbs/acre)	Salt (lbs/acre)
Anticipated harvest content	60.00	150.00	54.00	342.00	0.00
Total actual harvest content	72.06	230.59	43.24	389.12	837.91

FA 8

Field name: FA 8

11/07/2022: Wheat Hay

Crop: Wheat Hay Acres planted: 68 Plant date: 11/07/2022

Harvest date	Yield	Reporting basis	Density (lbs/cu ft)	Moisture (%)	N (mg/kg)	P (mg/kg)	K (mg/kg)	Salt (mg/kg)	TFS (%)
05/31/2023	383.00 *ton*	As-is		10.0	16,020.00	4,050.00	47,700.00		14.40

	Yield (tons/acre)	Total N (lbs/acre)	Total P (lbs/acre)	Total K (lbs/acre)	Salt (lbs/acre)
Anticipated harvest content	4.00	132.00	20.40	99.60	0.00
Total actual harvest content	5.63	180.46	45.62	537.33	1,459.91

07/01/2023: Corn, silage

Crop: Corn, silage Acres planted: 68 Plant date: 07/01/2023

Harvest date	Yield	Reporting basis	Density (lbs/cu ft)	Moisture (%)	N (mg/kg)	P (mg/kg)	K (mg/kg)	Salt (mg/kg)	TFS (%)
10/10/2023	1,728.00 *ton*	As-is		70.0	5,530.00	690.00	7,200.00		7.39

	Yield (tons/acre)	Total N (lbs/acre)	Total P (lbs/acre)	Total K (lbs/acre)	Salt (lbs/acre)
Anticipated harvest content	32.00	256.00	48.00	211.20	0.00
Total actual harvest content	25.41	281.05	35.07	365.93	1,126.76

FA 9

Field name: FA 9

11/06/2022: Wheat Hay

Crop: Wheat Hay Acres planted: 56 Plant date: 11/06/2022

Harvest date	Yield	Reporting basis	Density (lbs/cu ft)	Moisture (%)	N (mg/kg)	P (mg/kg)	K (mg/kg)	Salt (mg/kg)	TFS (%)
05/31/2023	363.00 *ton*	As-is		10.0	14,700.00	3,690.00	48,600.00		11.00

	Yield (tons/acre)	Total N (lbs/acre)	Total P (lbs/acre)	Total K (lbs/acre)	Salt (lbs/acre)
Anticipated harvest content	4.00	132.00	20.40	99.60	0.00
Total actual harvest content	6.48	190.58	47.84	630.06	1,283.46

06/21/2023: Corn, silage

Crop: Corn, silage Acres planted: 56 Plant date: 06/21/2023

Harvest date	Yield	Reporting basis	Density (lbs/cu ft)	Moisture (%)	N (mg/kg)	P (mg/kg)	K (mg/kg)	Salt (mg/kg)	TFS (%)
10/01/2023	1,394.00 *ton*	As-is		70.0	5,770.00	720.00	8,100.00		9.01

	Yield (tons/acre)	Total N (lbs/acre)	Total P (lbs/acre)	Total K (lbs/acre)	Salt (lbs/acre)
Anticipated harvest content	32.00	256.00	48.00	211.20	0.00
Total actual harvest content	24.89	287.26	35.85	403.26	1,345.71

NUTRIENT BUDGET

A. LAND APPLICATIONS

FA 10 - 11/06/2022: Wheat Hay

Field name: FA 10

Crop: Wheat Hay

Plant date: 11/06/2022

Application date	Application method	Precipitation 24 hours prior	Precipitation during application	Precipitation 24 hours following
10/27/2022	Surface (irrigation)	No precipitation	No precipitation	No precipitation

Source description	Material type	N (lbs/acre)	P (lbs/acre)	K (lbs/acre)	Salt (lbs/acre)	Amount
WWS	Process wastewater	93.70	14.03	143.64	1,005.50	715,000.00 *gal*
CCID	Surface water	0.00	0.00	0.00	171.71	7,168,700.00 *gal*
Application event totals		93.70	14.03	143.64	1,177.21	

Application date	Application method	Precipitation 24 hours prior	Precipitation during application	Precipitation 24 hours following
02/20/2023	Surface (irrigation)	No precipitation	No precipitation	No precipitation

Source description	Material type	N (lbs/acre)	P (lbs/acre)	K (lbs/acre)	Salt (lbs/acre)	Amount
WWS	Process wastewater	85.52	13.02	82.81	726.85	585,000.00 *gal*
CCID	Surface water	0.00	0.00	0.00	140.49	5,865,300.00 *gal*
Application event totals		85.52	13.02	82.81	867.34	

Application date	Application method	Precipitation 24 hours prior	Precipitation during application	Precipitation 24 hours following
03/23/2023	Surface (irrigation)	No precipitation	No precipitation	No precipitation

Source description	Material type	N (lbs/acre)	P (lbs/acre)	K (lbs/acre)	Salt (lbs/acre)	Amount
WWS	Process wastewater	90.27	13.74	87.41	767.23	617,500.00 *gal*
CCID	Surface water	0.00	0.00	0.00	148.30	6,191,150.00 *gal*
Application event totals		90.27	13.74	87.41	915.53	

Application date	Application method	Precipitation 24 hours prior	Precipitation during application	Precipitation 24 hours following
04/20/2023	Surface (irrigation)	No precipitation	No precipitation	No precipitation

Source description	Material type	N (lbs/acre)	P (lbs/acre)	K (lbs/acre)	Salt (lbs/acre)	Amount
CCID	Surface water	0.00	0.00	0.00	187.32	7,820,400.00 *gal*
Application event totals		0.00	0.00	0.00	187.32	

FA 10 - 06/21/2023: Corn, silage

FA 10 - 06/21/2023: Corn, silage

Field name: FA 10

Crop: Corn, silage

Plant date: 06/21/2023

Application date	Application method	Precipitation 24 hours prior	Precipitation during application	Precipitation 24 hours following
06/05/2023	Surface (irrigation)	No precipitation	No precipitation	No precipitation

Source description	Material type	N (lbs/acre)	P (lbs/acre)	K (lbs/acre)	Salt (lbs/acre)	Amount
WWS	Process wastewater	136.29	20.41	208.93	1,462.54	1,040,000.00 *gal*
CCID	Surface water	0.00	0.00	0.00	797.64	10,427,200.00 *gal*
Application event totals		136.29	20.41	208.93	2,260.18	

Application date	Application method	Precipitation 24 hours prior	Precipitation during application	Precipitation 24 hours following
07/18/2023	Surface (irrigation)	No precipitation	No precipitation	No precipitation

Source description	Material type	N (lbs/acre)	P (lbs/acre)	K (lbs/acre)	Salt (lbs/acre)	Amount
CCID	Surface water	0.00	0.00	0.00	202.93	8,472,100.00 *gal*
Application event totals		0.00	0.00	0.00	202.93	

Application date	Application method	Precipitation 24 hours prior	Precipitation during application	Precipitation 24 hours following
08/02/2023	Surface (irrigation)	No precipitation	No precipitation	No precipitation

Source description	Material type	N (lbs/acre)	P (lbs/acre)	K (lbs/acre)	Salt (lbs/acre)	Amount
WWS	Process wastewater	68.98	3.99	76.99	527.36	682,500.00 *gal*
CCID	Surface water	0.00	0.00	0.00	163.91	6,842,850.00 *gal*
Application event totals		68.98	3.99	76.99	691.27	

Application date	Application method	Precipitation 24 hours prior	Precipitation during application	Precipitation 24 hours following
08/16/2023	Surface (irrigation)	No precipitation	No precipitation	No precipitation

Source description	Material type	N (lbs/acre)	P (lbs/acre)	K (lbs/acre)	Salt (lbs/acre)	Amount
WWS	Process wastewater	78.83	4.56	87.99	602.69	780,000.00 *gal*
CCID	Surface water	0.00	0.00	0.00	187.32	7,820,400.00 *gal*
Application event totals		78.83	4.56	87.99	790.02	

Application date	Application method	Precipitation 24 hours prior	Precipitation during application	Precipitation 24 hours following
08/30/2023	Surface (irrigation)	No precipitation	No precipitation	No precipitation

Source description	Material type	N (lbs/acre)	P (lbs/acre)	K (lbs/acre)	Salt (lbs/acre)	Amount
CCID	Surface water	0.00	0.00	0.00	202.93	8,472,100.00 *gal*
Application event totals		0.00	0.00	0.00	202.93	

FA 10 - 06/21/2023: Corn, silage

Application date	Application method	Precipitation 24 hours prior	Precipitation during application	Precipitation 24 hours following
09/13/2023	Surface (irrigation)	No precipitation	No precipitation	No precipitation

Source description	Material type	N (lbs/acre)	P (lbs/acre)	K (lbs/acre)	Salt (lbs/acre)	Amount
CCID	Surface water	0.00	0.00	0.00	195.13	8,146,250.00 *gal*
Application event totals		0.00	0.00	0.00	195.13	

FA 11 - 11/07/2022: Wheat Hay

Field name: FA 11

Crop: Wheat Hay

Plant date: 11/07/2022

Application date	Application method	Precipitation 24 hours prior	Precipitation during application	Precipitation 24 hours following
10/29/2022	Surface (irrigation)	No precipitation	No precipitation	No precipitation

Source description	Material type	N (lbs/acre)	P (lbs/acre)	K (lbs/acre)	Salt (lbs/acre)	Amount
WWS	Process wastewater	86.25	12.92	132.22	925.51	682,500.00 *gal*
CCID	Surface water	0.00	0.00	0.00	158.05	6,842,850.00 *gal*
Application event totals		86.25	12.92	132.22	1,083.57	

02/21/2023	Surface (irrigation)	No precipitation	No precipitation	No precipitation

Source description	Material type	N (lbs/acre)	P (lbs/acre)	K (lbs/acre)	Salt (lbs/acre)	Amount
WWS	Process wastewater	82.47	12.55	79.85	700.89	585,000.00 *gal*
CCID	Surface water	0.00	0.00	0.00	135.48	5,865,300.00 *gal*
Application event totals		82.47	12.55	79.85	836.37	

03/24/2023	Surface (irrigation)	No precipitation	No precipitation	No precipitation

Source description	Material type	N (lbs/acre)	P (lbs/acre)	K (lbs/acre)	Salt (lbs/acre)	Amount
WWS	Process wastewater	82.47	12.55	79.85	700.89	585,000.00 *gal*
CCID	Surface water	0.00	0.00	0.00	135.48	5,865,300.00 *gal*
Application event totals		82.47	12.55	79.85	836.37	

FA 11 - 11/07/2022: Wheat Hay

Application date	Application method	Precipitation 24 hours prior	Precipitation during application	Precipitation 24 hours following
04/21/2023	Surface (irrigation)	No precipitation	No precipitation	No precipitation

Source description	Material type	N (lbs/acre)	P (lbs/acre)	K (lbs/acre)	Salt (lbs/acre)	Amount
CCID	Surface water	0.00	0.00	0.00	150.53	6,517,000.00 *gal*
Application event totals		0.00	0.00	0.00	150.53	

FA 11 - 06/29/2023: Corn, silage

Field name: FA 11

Crop: Corn, silage

Plant date: 06/29/2023

Application date	Application method	Precipitation 24 hours prior	Precipitation during application	Precipitation 24 hours following
06/12/2023	Surface (irrigation)	No precipitation	No precipitation	No precipitation

Source description	Material type	N (lbs/acre)	P (lbs/acre)	K (lbs/acre)	Salt (lbs/acre)	Amount
WWS	Process wastewater	123.21	18.45	188.88	1,322.16	975,000.00 *gal*
CCID	Surface water	0.00	0.00	0.00	225.79	9,775,500.00 *gal*
Application event totals		123.21	18.45	188.88	1,547.95	

07/25/2023	Surface (irrigation)	No precipitation	No precipitation	No precipitation

Source description	Material type	N (lbs/acre)	P (lbs/acre)	K (lbs/acre)	Salt (lbs/acre)	Amount
CCID	Surface water	0.00	0.00	0.00	195.69	8,472,100.00 *gal*
Application event totals		0.00	0.00	0.00	195.69	

08/09/2023	Surface (irrigation)	No precipitation	No precipitation	No precipitation

Source description	Material type	N (lbs/acre)	P (lbs/acre)	K (lbs/acre)	Salt (lbs/acre)	Amount
CCID	Surface water	0.00	0.00	0.00	180.63	7,820,400.00 *gal*
Application event totals		0.00	0.00	0.00	180.63	

FA 11 - 06/29/2023: Corn, silage

Application date	Application method	Precipitation 24 hours prior	Precipitation during application	Precipitation 24 hours following
08/23/2023	Surface (irrigation)	No precipitation	No precipitation	No precipitation

Source description	Material type	N (lbs/acre)	P (lbs/acre)	K (lbs/acre)	Salt (lbs/acre)	Amount
WWS	Process wastewater	69.68	4.03	77.78	532.74	715,000.00 *gal*
CCID	Surface water	0.00	0.00	0.00	165.58	7,168,700.00 *gal*
Application event totals		69.68	4.03	77.78	698.32	

Application date	Application method	Precipitation 24 hours prior	Precipitation during application	Precipitation 24 hours following
09/05/2023	Surface (irrigation)	No precipitation	No precipitation	No precipitation

Source description	Material type	N (lbs/acre)	P (lbs/acre)	K (lbs/acre)	Salt (lbs/acre)	Amount
WWS	Process wastewater	82.35	4.76	91.92	629.60	845,000.00 *gal*
CCID	Surface water	0.00	0.00	0.00	195.69	8,472,100.00 *gal*
Application event totals		82.35	4.76	91.92	825.29	

Application date	Application method	Precipitation 24 hours prior	Precipitation during application	Precipitation 24 hours following
09/20/2023	Surface (irrigation)	No precipitation	No precipitation	No precipitation

Source description	Material type	N (lbs/acre)	P (lbs/acre)	K (lbs/acre)	Salt (lbs/acre)	Amount
CCID	Surface water	0.00	0.00	0.00	203.21	8,797,950.00 *gal*
Application event totals		0.00	0.00	0.00	203.21	

FA 12 - 10/05/2022: Alfalfa, hay

Field name: FA 12

Crop: Alfalfa, hay

Plant date: 10/05/2022

Application date	Application method	Precipitation 24 hours prior	Precipitation during application	Precipitation 24 hours following
02/28/2023	Surface (irrigation)	No precipitation	No precipitation	No precipitation

Source description	Material type	N (lbs/acre)	P (lbs/acre)	K (lbs/acre)	Salt (lbs/acre)	Amount
CCID	Surface water	0.00	0.00	0.00	242.35	7,494,550.00 *gal*
Application event totals		0.00	0.00	0.00	242.35	

FA 12 - 10/05/2022: Alfalfa, hay

Application date	Application method	Precipitation 24 hours prior	Precipitation during application	Precipitation 24 hours following
04/28/2023	Surface (irrigation)	No precipitation	No precipitation	No precipitation

Source description	Material type	N (lbs/acre)	P (lbs/acre)	K (lbs/acre)	Salt (lbs/acre)	Amount
CCID	Surface water	0.00	0.00	0.00	252.89	7,820,400.00 *gal*
Application event totals		0.00	0.00	0.00	252.89	

Application date	Application method	Precipitation 24 hours prior	Precipitation during application	Precipitation 24 hours following
05/31/2023	Surface (irrigation)	No precipitation	No precipitation	No precipitation

Source description	Material type	N (lbs/acre)	P (lbs/acre)	K (lbs/acre)	Salt (lbs/acre)	Amount
CCID	Surface water	0.00	0.00	0.00	263.42	8,146,250.00 *gal*
Application event totals		0.00	0.00	0.00	263.42	

Application date	Application method	Precipitation 24 hours prior	Precipitation during application	Precipitation 24 hours following
06/30/2023	Surface (irrigation)	No precipitation	No precipitation	No precipitation

Source description	Material type	N (lbs/acre)	P (lbs/acre)	K (lbs/acre)	Salt (lbs/acre)	Amount
CCID	Surface water	0.00	0.00	0.00	200.20	6,191,150.00 *gal*
Application event totals		0.00	0.00	0.00	200.20	

Application date	Application method	Precipitation 24 hours prior	Precipitation during application	Precipitation 24 hours following
07/29/2023	Surface (irrigation)	No precipitation	No precipitation	No precipitation

Source description	Material type	N (lbs/acre)	P (lbs/acre)	K (lbs/acre)	Salt (lbs/acre)	Amount
CCID	Surface water	0.00	0.00	0.00	189.67	5,865,300.00 *gal*
Application event totals		0.00	0.00	0.00	189.67	

Application date	Application method	Precipitation 24 hours prior	Precipitation during application	Precipitation 24 hours following
08/31/2023	Surface (irrigation)	No precipitation	No precipitation	No precipitation

Source description	Material type	N (lbs/acre)	P (lbs/acre)	K (lbs/acre)	Salt (lbs/acre)	Amount
CCID	Surface water	0.00	0.00	0.00	179.13	5,539,450.00 *gal*
Application event totals		0.00	0.00	0.00	179.13	

Application date	Application method	Precipitation 24 hours prior	Precipitation during application	Precipitation 24 hours following
09/14/2023	Surface (irrigation)	No precipitation	No precipitation	No precipitation

Source description	Material type	N (lbs/acre)	P (lbs/acre)	K (lbs/acre)	Salt (lbs/acre)	Amount
CCID	Surface water	0.00	0.00	0.00	221.28	6,842,850.00 *gal*
Application event totals		0.00	0.00	0.00	221.28	

FA 12 - 10/05/2022: Alfalfa, hay

Application date	Application method	Precipitation 24 hours prior	Precipitation during application	Precipitation 24 hours following
09/29/2023	Surface (irrigation)	No precipitation	No precipitation	No precipitation

Source description	Material type	N (lbs/acre)	P (lbs/acre)	K (lbs/acre)	Salt (lbs/acre)	Amount
CCID	Surface water	0.00	0.00	0.00	189.67	5,865,300.00 *gal*
Application event totals		0.00	0.00	0.00	189.67	

FA 17 - 11/30/2020: Alfalfa, hay

Field name: FA 17

Crop: Alfalfa, hay

Plant date: 11/30/2020

Application date	Application method	Precipitation 24 hours prior	Precipitation during application	Precipitation 24 hours following
12/12/2022	Surface (irrigation)	No precipitation	No precipitation	No precipitation

Source description	Material type	N (lbs/acre)	P (lbs/acre)	K (lbs/acre)	Salt (lbs/acre)	Amount
WWS	Process wastewater	299.71	44.89	459.47	3,216.26	1,440,000.00 *gal*
Application event totals		299.71	44.89	459.47	3,216.26	

02/24/2023	Surface (irrigation)	No precipitation	No precipitation	No precipitation

Source description	Material type	N (lbs/acre)	P (lbs/acre)	K (lbs/acre)	Salt (lbs/acre)	Amount
CCID	Surface water	0.00	0.00	0.00	198.34	5,213,600.00 *gal*
Application event totals		0.00	0.00	0.00	198.34	

04/20/2023	Surface (irrigation)	No precipitation	No precipitation	No precipitation

Source description	Material type	N (lbs/acre)	P (lbs/acre)	K (lbs/acre)	Salt (lbs/acre)	Amount
CCID	Surface water	0.00	0.00	0.00	223.14	5,865,300.00 *gal*
Application event totals		0.00	0.00	0.00	223.14	

05/21/2023	Surface (irrigation)	No precipitation	No precipitation	No precipitation

Source description	Material type	N (lbs/acre)	P (lbs/acre)	K (lbs/acre)	Salt (lbs/acre)	Amount
CCID	Surface water	0.00	0.00	0.00	173.55	4,561,900.00 *gal*
Application event totals		0.00	0.00	0.00	173.55	

FA 17 - 11/30/2020: Alfalfa, hay

Application date	Application method	Precipitation 24 hours prior	Precipitation during application	Precipitation 24 hours following
06/28/2023	Surface (irrigation)	No precipitation	No precipitation	No precipitation

Source description	Material type	N (lbs/acre)	P (lbs/acre)	K (lbs/acre)	Salt (lbs/acre)	Amount
CCID	Surface water	0.00	0.00	0.00	161.15	4,236,050.00 *gal*
Application event totals		0.00	0.00	0.00	161.15	

Application date	Application method	Precipitation 24 hours prior	Precipitation during application	Precipitation 24 hours following
07/30/2023	Surface (irrigation)	No precipitation	No precipitation	No precipitation

Source description	Material type	N (lbs/acre)	P (lbs/acre)	K (lbs/acre)	Salt (lbs/acre)	Amount
CCID	Surface water	0.00	0.00	0.00	210.74	5,539,450.00 *gal*
Application event totals		0.00	0.00	0.00	210.74	

Application date	Application method	Precipitation 24 hours prior	Precipitation during application	Precipitation 24 hours following
09/01/2023	Surface (irrigation)	No precipitation	No precipitation	No precipitation

Source description	Material type	N (lbs/acre)	P (lbs/acre)	K (lbs/acre)	Salt (lbs/acre)	Amount
CCID	Surface water	0.00	0.00	0.00	235.53	6,191,150.00 *gal*
Application event totals		0.00	0.00	0.00	235.53	

Application date	Application method	Precipitation 24 hours prior	Precipitation during application	Precipitation 24 hours following
09/16/2023	Surface (irrigation)	No precipitation	No precipitation	No precipitation

Source description	Material type	N (lbs/acre)	P (lbs/acre)	K (lbs/acre)	Salt (lbs/acre)	Amount
CCID	Surface water	0.00	0.00	0.00	198.34	5,213,600.00 *gal*
Application event totals		0.00	0.00	0.00	198.34	

Application date	Application method	Precipitation 24 hours prior	Precipitation during application	Precipitation 24 hours following
10/01/2023	Surface (irrigation)	No precipitation	No precipitation	No precipitation

Source description	Material type	N (lbs/acre)	P (lbs/acre)	K (lbs/acre)	Salt (lbs/acre)	Amount
CCID	Surface water	0.00	0.00	0.00	198.34	5,213,600.00 *gal*
Application event totals		0.00	0.00	0.00	198.34	

FA 18 - 11/30/2020: Alfalfa, hay

Field name: FA 18

Crop: Alfalfa, hay

Plant date: 11/30/2020

Application date	Application method	Precipitation 24 hours prior	Precipitation during application	Precipitation 24 hours following

FA 18 - 11/30/2020: Alfalfa, hay

Application date	Application method	Precipitation 24 hours prior	Precipitation during application	Precipitation 24 hours following
12/15/2022	Surface (irrigation)	No precipitation	No precipitation	No precipitation

Source description	Material type	N (lbs/acre)	P (lbs/acre)	K (lbs/acre)	Salt (lbs/acre)	Amount
WWS	Process wastewater	308.80	46.25	473.39	3,313.72	1,440,000.00 *gal*
Application event totals		308.80	46.25	473.39	3,313.72	

Application date	Application method	Precipitation 24 hours prior	Precipitation during application	Precipitation 24 hours following
02/25/2023	Surface (irrigation)	No precipitation	No precipitation	No precipitation

Source description	Material type	N (lbs/acre)	P (lbs/acre)	K (lbs/acre)	Salt (lbs/acre)	Amount
CCID	Surface water	0.00	0.00	0.00	166.04	4,236,050.00 *gal*
Application event totals		0.00	0.00	0.00	166.04	

Application date	Application method	Precipitation 24 hours prior	Precipitation during application	Precipitation 24 hours following
04/21/2023	Surface (irrigation)	No precipitation	No precipitation	No precipitation

Source description	Material type	N (lbs/acre)	P (lbs/acre)	K (lbs/acre)	Salt (lbs/acre)	Amount
CCID	Surface water	0.00	0.00	0.00	153.27	3,910,200.00 *gal*
Application event totals		0.00	0.00	0.00	153.27	

Application date	Application method	Precipitation 24 hours prior	Precipitation during application	Precipitation 24 hours following
05/22/2023	Surface (irrigation)	No precipitation	No precipitation	No precipitation

Source description	Material type	N (lbs/acre)	P (lbs/acre)	K (lbs/acre)	Salt (lbs/acre)	Amount
CCID	Surface water	0.00	0.00	0.00	191.58	4,887,750.00 *gal*
Application event totals		0.00	0.00	0.00	191.58	

Application date	Application method	Precipitation 24 hours prior	Precipitation during application	Precipitation 24 hours following
06/29/2023	Surface (irrigation)	No precipitation	No precipitation	No precipitation

Source description	Material type	N (lbs/acre)	P (lbs/acre)	K (lbs/acre)	Salt (lbs/acre)	Amount
CCID	Surface water	0.00	0.00	0.00	178.81	4,561,900.00 *gal*
Application event totals		0.00	0.00	0.00	178.81	

Application date	Application method	Precipitation 24 hours prior	Precipitation during application	Precipitation 24 hours following
07/31/2023	Surface (irrigation)	No precipitation	No precipitation	No precipitation

Source description	Material type	N (lbs/acre)	P (lbs/acre)	K (lbs/acre)	Salt (lbs/acre)	Amount
CCID	Surface water	0.00	0.00	0.00	217.13	5,539,450.00 *gal*
Application event totals		0.00	0.00	0.00	217.13	

FA 18 - 11/30/2020: Alfalfa, hay

Application date	Application method	Precipitation 24 hours prior	Precipitation during application	Precipitation 24 hours following
09/02/2023	Surface (irrigation)	No precipitation	No precipitation	No precipitation

Source description	Material type	N (lbs/acre)	P (lbs/acre)	K (lbs/acre)	Salt (lbs/acre)	Amount
CCID	Surface water	0.00	0.00	0.00	229.90	5,865,300.00 *gal*
Application event totals		0.00	0.00	0.00	229.90	

Application date	Application method	Precipitation 24 hours prior	Precipitation during application	Precipitation 24 hours following
09/17/2023	Surface (irrigation)	No precipitation	No precipitation	No precipitation

Source description	Material type	N (lbs/acre)	P (lbs/acre)	K (lbs/acre)	Salt (lbs/acre)	Amount
CCID	Surface water	0.00	0.00	0.00	178.81	4,561,900.00 *gal*
Application event totals		0.00	0.00	0.00	178.81	

Application date	Application method	Precipitation 24 hours prior	Precipitation during application	Precipitation 24 hours following
10/02/2023	Surface (irrigation)	No precipitation	No precipitation	No precipitation

Source description	Material type	N (lbs/acre)	P (lbs/acre)	K (lbs/acre)	Salt (lbs/acre)	Amount
CCID	Surface water	0.00	0.00	0.00	178.81	4,561,900.00 *gal*
Application event totals		0.00	0.00	0.00	178.81	

FA 6 - 04/12/2023: Tomato

Field name: FA 6

Crop: Tomato

Plant date: 04/12/2023

Application date	Application method	Precipitation 24 hours prior	Precipitation during application	Precipitation 24 hours following
03/15/2023	Surface (irrigation)	No precipitation	No precipitation	No precipitation

Source description	Material type	N (lbs/acre)	P (lbs/acre)	K (lbs/acre)	Salt (lbs/acre)	Amount
WWS	Process wastewater	137.03	20.86	132.68	1,164.61	1,527,500.00 *gal*
CCID	Surface water	0.00	0.00	0.00	225.11	15,314,950.00 *gal*
Application event totals		137.03	20.86	132.68	1,389.72	

Application date	Application method	Precipitation 24 hours prior	Precipitation during application	Precipitation 24 hours following
04/12/2023	Surface (irrigation)	No precipitation	No precipitation	No precipitation

Source description	Material type	N (lbs/acre)	P (lbs/acre)	K (lbs/acre)	Salt (lbs/acre)	Amount
CCID	Surface water	0.00	0.00	0.00	134.11	9,123,800.00 *gal*
Application event totals		0.00	0.00	0.00	134.11	

FA 6 - 04/12/2023: Tomato

Application date	Application method	Precipitation 24 hours prior	Precipitation during application	Precipitation 24 hours following
04/12/2023	Sidedress	No precipitation	No precipitation	No precipitation

Source description	Material type	N (lbs/acre)	P (lbs/acre)	K (lbs/acre)	Salt (lbs/acre)	Amount
UN 32	Solid commercial fertilizer	160.00	0.00	0.00	0.00	
Application event totals		160.00	0.00	0.00	0.00	

05/01/2023	Surface (irrigation)	No precipitation	No precipitation	No precipitation

Source description	Material type	N (lbs/acre)	P (lbs/acre)	K (lbs/acre)	Salt (lbs/acre)	Amount
CCID	Surface water	0.00	0.00	0.00	153.27	10,427,200.00 *gal*
Application event totals		0.00	0.00	0.00	153.27	

05/15/2023	Surface (irrigation)	No precipitation	No precipitation	No precipitation

Source description	Material type	N (lbs/acre)	P (lbs/acre)	K (lbs/acre)	Salt (lbs/acre)	Amount
CCID	Surface water	0.00	0.00	0.00	182.00	12,382,300.00 *gal*
Application event totals		0.00	0.00	0.00	182.00	

06/01/2023	Surface (irrigation)	No precipitation	No precipitation	No precipitation

Source description	Material type	N (lbs/acre)	P (lbs/acre)	K (lbs/acre)	Salt (lbs/acre)	Amount
CCID	Surface water	0.00	0.00	0.00	138.90	9,449,650.00 *gal*
Application event totals		0.00	0.00	0.00	138.90	

06/15/2023	Surface (irrigation)	No precipitation	No precipitation	No precipitation

Source description	Material type	N (lbs/acre)	P (lbs/acre)	K (lbs/acre)	Salt (lbs/acre)	Amount
CCID	Surface water	0.00	0.00	0.00	158.05	10,753,050.00 *gal*
Application event totals		0.00	0.00	0.00	158.05	

07/01/2023	Surface (irrigation)	No precipitation	No precipitation	No precipitation

Source description	Material type	N (lbs/acre)	P (lbs/acre)	K (lbs/acre)	Salt (lbs/acre)	Amount
CCID	Surface water	0.00	0.00	0.00	191.58	13,034,000.00 *gal*
Application event totals		0.00	0.00	0.00	191.58	

FA 6 - 04/12/2023: Tomato

Application date	Application method	Precipitation 24 hours prior	Precipitation during application	Precipitation 24 hours following
07/15/2023	Surface (irrigation)	No precipitation	No precipitation	No precipitation

Source description	Material type	N (lbs/acre)	P (lbs/acre)	K (lbs/acre)	Salt (lbs/acre)	Amount
CCID	Surface water	0.00	0.00	0.00	244.27	16,618,350.00 *gal*
Application event totals		0.00	0.00	0.00	244.27	

08/01/2023	Surface (irrigation)	No precipitation	No precipitation	No precipitation

Source description	Material type	N (lbs/acre)	P (lbs/acre)	K (lbs/acre)	Salt (lbs/acre)	Amount
CCID	Surface water	0.00	0.00	0.00	258.63	17,595,900.00 *gal*
Application event totals		0.00	0.00	0.00	258.63	

FA 7 - 04/12/2023: Tomato

Field name: FA 7

Crop: Tomato

Plant date: 04/12/2023

Application date	Application method	Precipitation 24 hours prior	Precipitation during application	Precipitation 24 hours following
03/15/2023	Surface (irrigation)	No precipitation	No precipitation	No precipitation

Source description	Material type	N (lbs/acre)	P (lbs/acre)	K (lbs/acre)	Salt (lbs/acre)	Amount
WWS	Process wastewater	145.52	22.15	140.90	1,236.73	1,235,000.00 *gal*
CCID	Surface water	0.00	0.00	0.00	239.05	12,382,300.00 *gal*
Application event totals		145.52	22.15	140.90	1,475.78	

04/12/2023	Surface (irrigation)	No precipitation	No precipitation	No precipitation

Source description	Material type	N (lbs/acre)	P (lbs/acre)	K (lbs/acre)	Salt (lbs/acre)	Amount
CCID	Surface water	0.00	0.00	0.00	132.11	6,842,850.00 *gal*
Application event totals		0.00	0.00	0.00	132.11	

04/12/2023	Sidedress	No precipitation	No precipitation	No precipitation

Source description	Material type	N (lbs/acre)	P (lbs/acre)	K (lbs/acre)	Salt (lbs/acre)	Amount
UN 32	Solid commercial fertilizer	160.00	0.00	0.00	0.00	
Application event totals		160.00	0.00	0.00	0.00	

FA 7 - 04/12/2023: Tomato

Application date	Application method	Precipitation 24 hours prior	Precipitation during application	Precipitation 24 hours following
05/01/2023	Surface (irrigation)	No precipitation	No precipitation	No precipitation

Source description	Material type	N (lbs/acre)	P (lbs/acre)	K (lbs/acre)	Salt (lbs/acre)	Amount
CCID	Surface water	0.00	0.00	0.00	138.40	7,168,700.00 *gal*
Application event totals		0.00	0.00	0.00	138.40	

05/15/2023	Surface (irrigation)	No precipitation	No precipitation	No precipitation

Source description	Material type	N (lbs/acre)	P (lbs/acre)	K (lbs/acre)	Salt (lbs/acre)	Amount
CCID	Surface water	0.00	0.00	0.00	207.59	10,753,050.00 *gal*
Application event totals		0.00	0.00	0.00	207.59	

06/01/2023	Surface (irrigation)	No precipitation	No precipitation	No precipitation

Source description	Material type	N (lbs/acre)	P (lbs/acre)	K (lbs/acre)	Salt (lbs/acre)	Amount
CCID	Surface water	0.00	0.00	0.00	182.43	9,449,650.00 *gal*
Application event totals		0.00	0.00	0.00	182.43	

06/15/2023	Surface (irrigation)	No precipitation	No precipitation	No precipitation

Source description	Material type	N (lbs/acre)	P (lbs/acre)	K (lbs/acre)	Salt (lbs/acre)	Amount
CCID	Surface water	0.00	0.00	0.00	169.85	8,797,950.00 *gal*
Application event totals		0.00	0.00	0.00	169.85	

07/01/2023	Surface (irrigation)	No precipitation	No precipitation	No precipitation

Source description	Material type	N (lbs/acre)	P (lbs/acre)	K (lbs/acre)	Salt (lbs/acre)	Amount
CCID	Surface water	0.00	0.00	0.00	188.72	9,775,500.00 *gal*
Application event totals		0.00	0.00	0.00	188.72	

07/15/2023	Surface (irrigation)	No precipitation	No precipitation	No precipitation

Source description	Material type	N (lbs/acre)	P (lbs/acre)	K (lbs/acre)	Salt (lbs/acre)	Amount
CCID	Surface water	0.00	0.00	0.00	276.79	14,337,400.00 *gal*
Application event totals		0.00	0.00	0.00	276.79	

FA 7 - 04/12/2023: Tomato

Application date	Application method	Precipitation 24 hours prior	Precipitation during application	Precipitation 24 hours following
08/01/2023	Surface (irrigation)	No precipitation	No precipitation	No precipitation

Source description	Material type	N (lbs/acre)	P (lbs/acre)	K (lbs/acre)	Salt (lbs/acre)	Amount
CCID	Surface water	0.00	0.00	0.00	308.25	15,966,650.00 *gal*
Application event totals		0.00	0.00	0.00	308.25	

FA 8 - 11/07/2022: Wheat Hay

Field name: FA 8

Crop: Wheat Hay

Plant date: 11/07/2022

Application date	Application method	Precipitation 24 hours prior	Precipitation during application	Precipitation 24 hours following
02/18/2023	Surface (irrigation)	No precipitation	No precipitation	No precipitation

Source description	Material type	N (lbs/acre)	P (lbs/acre)	K (lbs/acre)	Salt (lbs/acre)	Amount
WWS	Process wastewater	71.69	10.91	69.41	609.27	617,500.00 *gal*
Application event totals		71.69	10.91	69.41	609.27	

Application date	Application method	Precipitation 24 hours prior	Precipitation during application	Precipitation 24 hours following
02/18/2023	Surface (irrigation)	No precipitation	No precipitation	No precipitation

Source description	Material type	N (lbs/acre)	P (lbs/acre)	K (lbs/acre)	Salt (lbs/acre)	Amount
CCID	Surface water	0.00	0.00	0.00	117.77	6,191,150.00 *gal*
Application event totals		0.00	0.00	0.00	117.77	

Application date	Application method	Precipitation 24 hours prior	Precipitation during application	Precipitation 24 hours following
03/21/2023	Surface (irrigation)	No precipitation	No precipitation	No precipitation

Source description	Material type	N (lbs/acre)	P (lbs/acre)	K (lbs/acre)	Salt (lbs/acre)	Amount
WWS	Process wastewater	79.23	12.06	76.72	673.40	682,500.00 *gal*
CCID	Surface water	0.00	0.00	0.00	130.16	6,842,850.00 *gal*
Application event totals		79.23	12.06	76.72	803.57	

Application date	Application method	Precipitation 24 hours prior	Precipitation during application	Precipitation 24 hours following
04/19/2023	Surface (irrigation)	No precipitation	No precipitation	No precipitation

Source description	Material type	N (lbs/acre)	P (lbs/acre)	K (lbs/acre)	Salt (lbs/acre)	Amount
CCID	Surface water	0.00	0.00	0.00	167.35	8,797,950.00 *gal*
Application event totals		0.00	0.00	0.00	167.35	

FA 8 - 11/07/2022: Wheat Hay

Application date	Application method	Precipitation 24 hours prior	Precipitation during application	Precipitation 24 hours following
10/23/2023	Surface (irrigation)	No precipitation	No precipitation	No precipitation

Source description	Material type	N (lbs/acre)	P (lbs/acre)	K (lbs/acre)	Salt (lbs/acre)	Amount
WWS	Process wastewater	94.70	14.18	145.18	1,016.25	910,000.00 *gal*
CCID	Surface water	0.00	0.00	0.00	173.55	9,123,800.00 *gal*
Application event totals		94.70	14.18	145.18	1,189.80	

FA 8 - 07/01/2023: Corn, silage

Field name: FA 8

Crop: Corn, silage

Plant date: 07/01/2023

Application date	Application method	Precipitation 24 hours prior	Precipitation during application	Precipitation 24 hours following
06/15/2023	Surface (irrigation)	No precipitation	No precipitation	No precipitation

Source description	Material type	N (lbs/acre)	P (lbs/acre)	K (lbs/acre)	Salt (lbs/acre)	Amount
WWS	Process wastewater	124.85	12.62	184.46	1,829.89	1,202,500.00 *gal*
CCID	Surface water	0.00	0.00	0.00	732.39	12,056,450.00 *gal*
Application event totals		124.85	12.62	184.46	2,562.28	

Application date	Application method	Precipitation 24 hours prior	Precipitation during application	Precipitation 24 hours following
07/28/2023	Surface (irrigation)	No precipitation	No precipitation	No precipitation

Source description	Material type	N (lbs/acre)	P (lbs/acre)	K (lbs/acre)	Salt (lbs/acre)	Amount
CCID	Surface water	0.00	0.00	0.00	198.34	10,427,200.00 *gal*
Application event totals		0.00	0.00	0.00	198.34	

Application date	Application method	Precipitation 24 hours prior	Precipitation during application	Precipitation 24 hours following
08/12/2023	Surface (irrigation)	No precipitation	No precipitation	No precipitation

Source description	Material type	N (lbs/acre)	P (lbs/acre)	K (lbs/acre)	Salt (lbs/acre)	Amount
WWS	Process wastewater	87.73	8.87	129.62	1,285.87	845,000.00 *gal*
CCID	Surface water	0.00	0.00	0.00	161.15	8,472,100.00 *gal*
Application event totals		87.73	8.87	129.62	1,447.02	

FA 8 - 07/01/2023: Corn, silage

Application date	Application method	Precipitation 24 hours prior	Precipitation during application	Precipitation 24 hours following
08/26/2023	Surface (irrigation)	No precipitation	No precipitation	No precipitation

Source description	Material type	N (lbs/acre)	P (lbs/acre)	K (lbs/acre)	Salt (lbs/acre)	Amount
CCID	Surface water	0.00	0.00	0.00	192.14	10,101,350.00 *gal*
Application event totals		0.00	0.00	0.00	192.14	

Application date	Application method	Precipitation 24 hours prior	Precipitation during application	Precipitation 24 hours following
09/08/2023	Surface (irrigation)	No precipitation	No precipitation	No precipitation

Source description	Material type	N (lbs/acre)	P (lbs/acre)	K (lbs/acre)	Salt (lbs/acre)	Amount
WWS	Process wastewater	44.67	3.37	60.30	763.86	910,000.00 *gal*
CCID	Surface water	0.00	0.00	0.00	173.55	9,123,800.00 *gal*
Application event totals		44.67	3.37	60.30	937.41	

Application date	Application method	Precipitation 24 hours prior	Precipitation during application	Precipitation 24 hours following
09/23/2023	Surface (irrigation)	No precipitation	No precipitation	No precipitation

Source description	Material type	N (lbs/acre)	P (lbs/acre)	K (lbs/acre)	Salt (lbs/acre)	Amount
CCID	Surface water	0.00	0.00	0.00	198.34	10,427,200.00 *gal*
Application event totals		0.00	0.00	0.00	198.34	

FA 9 - 11/06/2022: Wheat Hay

Field name: FA 9

Crop: Wheat Hay

Plant date: 11/06/2022

Application date	Application method	Precipitation 24 hours prior	Precipitation during application	Precipitation 24 hours following
10/25/2022	Surface (irrigation)	No precipitation	No precipitation	No precipitation

Source description	Material type	N (lbs/acre)	P (lbs/acre)	K (lbs/acre)	Salt (lbs/acre)	Amount
WWS	Process wastewater	98.57	14.76	151.10	1,057.73	780,000.00 *gal*
CCID	Surface water	0.00	0.00	0.00	180.63	7,820,400.00 *gal*
Application event totals		98.57	14.76	151.10	1,238.36	

FA 9 - 11/06/2022: Wheat Hay

Application date	Application method	Precipitation 24 hours prior	Precipitation during application	Precipitation 24 hours following
02/18/2023	Surface (irrigation)	No precipitation	No precipitation	No precipitation

Source description	Material type	N (lbs/acre)	P (lbs/acre)	K (lbs/acre)	Salt (lbs/acre)	Amount
WWS	Process wastewater	87.05	13.25	84.29	739.83	617,500.00 *gal*
CCID	Surface water	0.00	0.00	0.00	143.00	6,191,150.00 *gal*
Application event totals		87.05	13.25	84.29	882.83	

Application date	Application method	Precipitation 24 hours prior	Precipitation during application	Precipitation 24 hours following
03/22/2023	Surface (irrigation)	No precipitation	No precipitation	No precipitation

Source description	Material type	N (lbs/acre)	P (lbs/acre)	K (lbs/acre)	Salt (lbs/acre)	Amount
WWS	Process wastewater	82.47	12.55	79.85	700.89	585,000.00 *gal*
CCID	Surface water	0.00	0.00	0.00	135.48	5,865,300.00 *gal*
Application event totals		82.47	12.55	79.85	836.37	

Application date	Application method	Precipitation 24 hours prior	Precipitation during application	Precipitation 24 hours following
04/19/2023	Surface (irrigation)	No precipitation	No precipitation	No precipitation

Source description	Material type	N (lbs/acre)	P (lbs/acre)	K (lbs/acre)	Salt (lbs/acre)	Amount
CCID	Surface water	0.00	0.00	0.00	158.05	6,842,850.00 *gal*
Application event totals		0.00	0.00	0.00	158.05	

FA 9 - 06/21/2023: Corn, silage

Field name: FA 9

Crop: Corn, silage

Plant date: 06/21/2023

Application date	Application method	Precipitation 24 hours prior	Precipitation during application	Precipitation 24 hours following
06/05/2023	Surface (irrigation)	No precipitation	No precipitation	No precipitation

Source description	Material type	N (lbs/acre)	P (lbs/acre)	K (lbs/acre)	Salt (lbs/acre)	Amount
WWS	Process wastewater	127.01	12.84	187.67	1,861.68	1,007,500.00 *gal*
CCID	Surface water	0.00	0.00	0.00	233.32	10,101,350.00 *gal*
Application event totals		127.01	12.84	187.67	2,095.00	

FA 9 - 06/21/2023: Corn, silage

Application date	Application method	Precipitation 24 hours prior	Precipitation during application	Precipitation 24 hours following
07/18/2023	Surface (irrigation)	No precipitation	No precipitation	No precipitation

Source description	Material type	N (lbs/acre)	P (lbs/acre)	K (lbs/acre)	Salt (lbs/acre)	Amount
CCID	Surface water	0.00	0.00	0.00	188.16	8,146,250.00 *gal*
Application event totals		0.00	0.00	0.00	188.16	

Application date	Application method	Precipitation 24 hours prior	Precipitation during application	Precipitation 24 hours following
08/02/2023	Surface (irrigation)	No precipitation	No precipitation	No precipitation

Source description	Material type	N (lbs/acre)	P (lbs/acre)	K (lbs/acre)	Salt (lbs/acre)	Amount
WWS	Process wastewater	86.04	8.70	127.13	1,261.14	682,500.00 *gal*
CCID	Surface water	0.00	0.00	0.00	158.05	6,842,850.00 *gal*
Application event totals		86.04	8.70	127.13	1,419.19	

Application date	Application method	Precipitation 24 hours prior	Precipitation during application	Precipitation 24 hours following
08/16/2023	Surface (irrigation)	No precipitation	No precipitation	No precipitation

Source description	Material type	N (lbs/acre)	P (lbs/acre)	K (lbs/acre)	Salt (lbs/acre)	Amount
WWS	Process wastewater	48.43	3.66	65.38	828.17	812,500.00 *gal*
CCID	Surface water	0.00	0.00	0.00	188.16	8,146,250.00 *gal*
Application event totals		48.43	3.66	65.38	1,016.33	

Application date	Application method	Precipitation 24 hours prior	Precipitation during application	Precipitation 24 hours following
08/30/2023	Surface (irrigation)	No precipitation	No precipitation	No precipitation

Source description	Material type	N (lbs/acre)	P (lbs/acre)	K (lbs/acre)	Salt (lbs/acre)	Amount
CCID	Surface water	0.00	0.00	0.00	203.21	8,797,950.00 *gal*
Application event totals		0.00	0.00	0.00	203.21	

Application date	Application method	Precipitation 24 hours prior	Precipitation during application	Precipitation 24 hours following
09/13/2023	Surface (irrigation)	No precipitation	No precipitation	No precipitation

Source description	Material type	N (lbs/acre)	P (lbs/acre)	K (lbs/acre)	Salt (lbs/acre)	Amount
CCID	Surface water	0.00	0.00	0.00	210.74	9,123,800.00 *gal*
Application event totals		0.00	0.00	0.00	210.74	

B. NUTRIENT BUDGET

FA 10 - 11/06/2022: Wheat Hay

Field name: FA 10 Crop: Wheat Hay Plant date: 11/06/2022

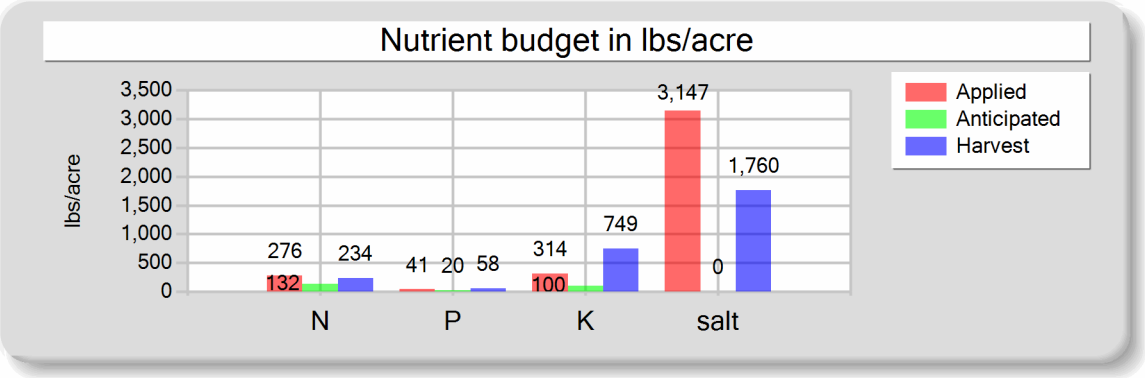

	Total N (lbs/acre)	Total P (lbs/acre)	Total K (lbs/acre)	Total salt (lbs/acre)
Existing soil nutrient content	0.00	0.00	0.00	0.00
Plowdown credit	0.00	0.00	0.00	0.00
Commercial fertilizer / Other	0.00	0.00	0.00	0.00
Dry manure	0.00	0.00	0.00	0.00
Process wastewater	269.49	40.79	313.86	2,499.57
Fresh water	0.00	0.00	0.00	647.83
Atmospheric deposition	7.00	0.00	0.00	0.00
Total nutrients applied	276.49	40.79	313.86	3,147.40
Anticipated crop nutrient removal	132.00	20.40	99.60	0.00
Actual crop nutrient removal	234.21	57.79	748.60	1,759.87
Nutrient balance	42.28	-16.99	-434.74	1,387.54
Applied to removed ratio	1.18	0.71	0.42	1.79

Fresh water applied	
27,045,550.00	*gallons*
996.00	*acre-inches*
18.44	*inches/acre*

Process wastewater applied	
1,917,500.00	*gallons*
70.62	*acre-inches*
1.31	*inches/acre*

Total harvests for the crop	
1	*harvests*

FA 10 - 06/21/2023: Corn, silage

Field name: FA 10 Crop: Corn, silage Plant date: 06/21/2023

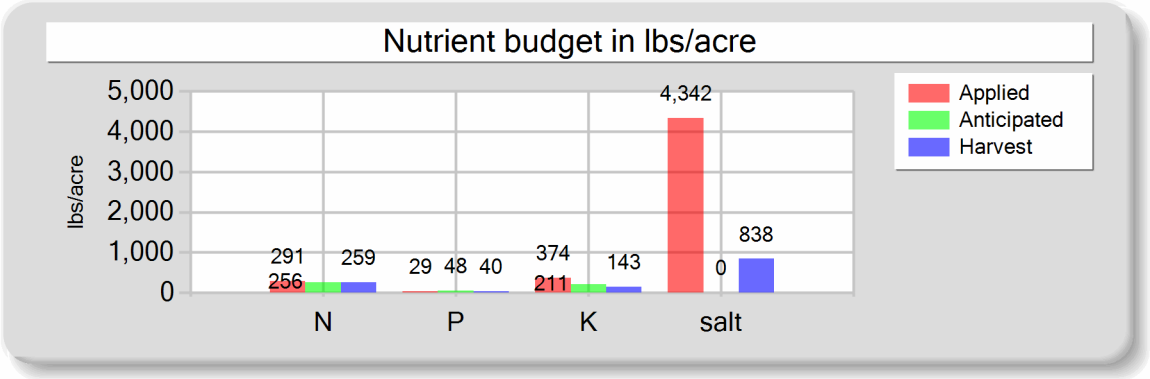

	Total N (lbs/acre)	Total P (lbs/acre)	Total K (lbs/acre)	Total salt (lbs/acre)
Existing soil nutrient content	0.00	0.00	0.00	0.00
Plowdown credit	0.00	0.00	0.00	0.00
Commercial fertilizer / Other	0.00	0.00	0.00	0.00
Dry manure	0.00	0.00	0.00	0.00
Process wastewater	284.10	28.95	373.92	2,592.59
Fresh water	0.00	0.00	0.00	1,749.87
Atmospheric deposition	7.00	0.00	0.00	0.00
Total nutrients applied	291.10	28.95	373.92	4,342.46
Anticipated crop nutrient removal	256.00	48.00	211.20	0.00
Actual crop nutrient removal	259.04	40.35	143.47	838.38
Nutrient balance	32.06	-11.40	230.46	3,504.07
Applied to removed ratio	1.12	0.72	2.61	5.18

Fresh water applied	
50,180,900.00	*gallons*
1,847.99	*acre-inches*
34.22	*inches/acre*

Process wastewater applied	
2,502,500.00	*gallons*
92.16	*acre-inches*
1.71	*inches/acre*

Total harvests for the crop	
1	*harvests*

FA 11 - 11/07/2022: Wheat Hay

Field name: FA 11 Crop: Wheat Hay Plant date: 11/07/2022

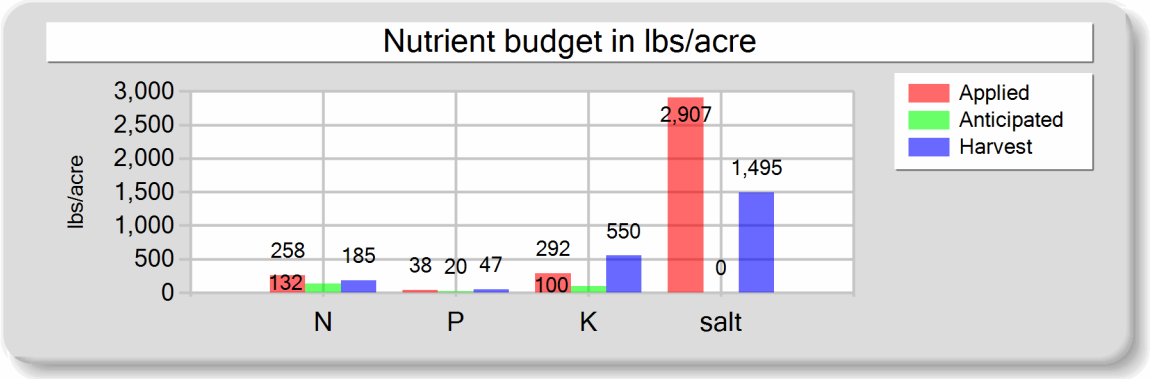

	Total N (lbs/acre)	Total P (lbs/acre)	Total K (lbs/acre)	Total salt (lbs/acre)
Existing soil nutrient content	0.00	0.00	0.00	0.00
Plowdown credit	0.00	0.00	0.00	0.00
Commercial fertilizer / Other	0.00	0.00	0.00	0.00
Dry manure	0.00	0.00	0.00	0.00
Process wastewater	251.18	38.02	291.92	2,327.29
Fresh water	0.00	0.00	0.00	579.53
Atmospheric deposition	7.00	0.00	0.00	0.00
Total nutrients applied	258.18	38.02	291.92	2,906.83
Anticipated crop nutrient removal	132.00	20.40	99.60	0.00
Actual crop nutrient removal	184.80	46.72	550.25	1,495.03
Nutrient balance	73.38	-8.70	-258.33	1,411.80
Applied to removed ratio	1.40	0.81	0.53	1.94

Fresh water applied	
25,090,450.00	*gallons*
924.00	*acre-inches*
16.50	*inches/acre*

Process wastewater applied	
1,852,500.00	*gallons*
68.22	*acre-inches*
1.22	*inches/acre*

Total harvests for the crop	
1	*harvests*

FA 11 - 06/29/2023: Corn, silage

Field name: FA 11 Crop: Corn, silage Plant date: 06/29/2023

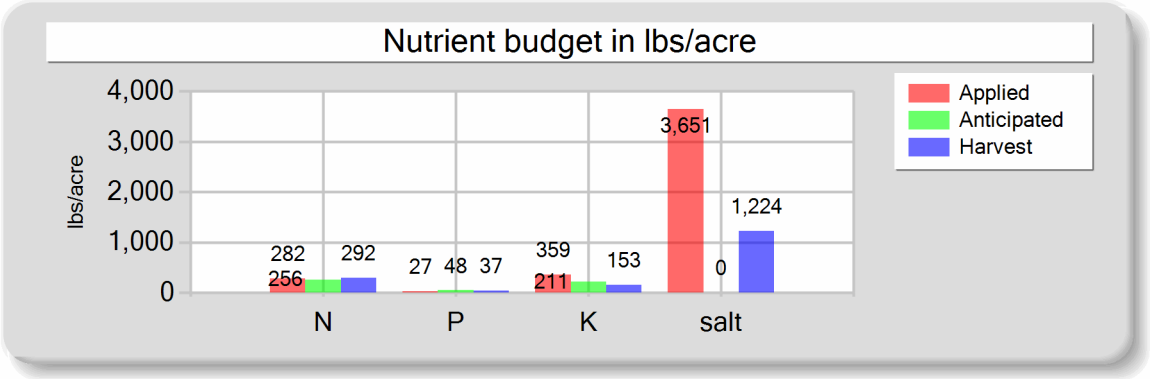

	Total N (lbs/acre)	Total P (lbs/acre)	Total K (lbs/acre)	Total salt (lbs/acre)
Existing soil nutrient content	0.00	0.00	0.00	0.00
Plowdown credit	0.00	0.00	0.00	0.00
Commercial fertilizer / Other	0.00	0.00	0.00	0.00
Dry manure	0.00	0.00	0.00	0.00
Process wastewater	275.24	27.24	358.58	2,484.50
Fresh water	0.00	0.00	0.00	1,166.59
Atmospheric deposition	7.00	0.00	0.00	0.00
Total nutrients applied	282.24	27.24	358.58	3,651.09
Anticipated crop nutrient removal	256.00	48.00	211.20	0.00
Actual crop nutrient removal	291.82	36.80	153.32	1,223.51
Nutrient balance	-9.58	-9.56	205.26	2,427.59
Applied to removed ratio	0.97	0.74	2.34	2.98

Fresh water applied	
50,506,750.00	*gallons*
1,859.99	*acre-inches*
33.21	*inches/acre*

Process wastewater applied	
2,535,000.00	*gallons*
93.36	*acre-inches*
1.67	*inches/acre*

Total harvests for the crop	
1	*harvests*

FA 12 - 10/05/2022: Alfalfa, hay

Field name: FA 12 Crop: Alfalfa, hay Plant date: 10/05/2022

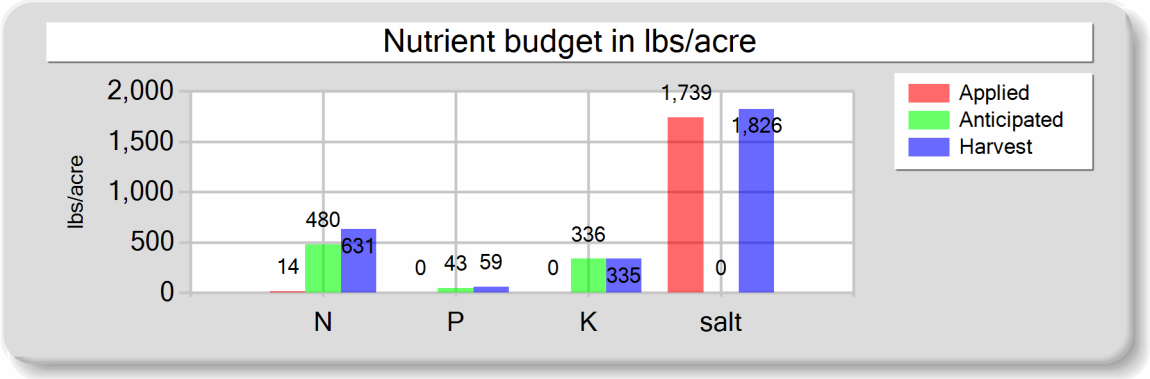

	Total N (lbs/acre)	Total P (lbs/acre)	Total K (lbs/acre)	Total salt (lbs/acre)
Existing soil nutrient content	0.00	0.00	0.00	0.00
Plowdown credit	0.00	0.00	0.00	0.00
Commercial fertilizer / Other	0.00	0.00	0.00	0.00
Dry manure	0.00	0.00	0.00	0.00
Process wastewater	0.00	0.00	0.00	0.00
Fresh water	0.00	0.00	0.00	1,738.60
Atmospheric deposition	14.00	0.00	0.00	0.00
Total nutrients applied	14.00	0.00	0.00	1,738.60
Anticipated crop nutrient removal	480.00	43.20	336.00	0.00
Actual crop nutrient removal	630.56	58.86	335.28	1,826.23
Nutrient balance	-616.56	-58.86	-335.28	-87.63
Applied to removed ratio	0.02	0.00	0.00	0.95

Fresh water applied	
53,765,250.00	*gallons*
1,979.99	*acre-inches*
49.50	*inches/acre*

Process wastewater applied	
0.00	*gallons*
0.00	*acre-inches*
0.00	*inches/acre*

Total harvests for the crop	
1	*harvests*

FA 17 - 11/30/2020: Alfalfa, hay

Field name: FA 17 Crop: Alfalfa, hay Plant date: 11/30/2020

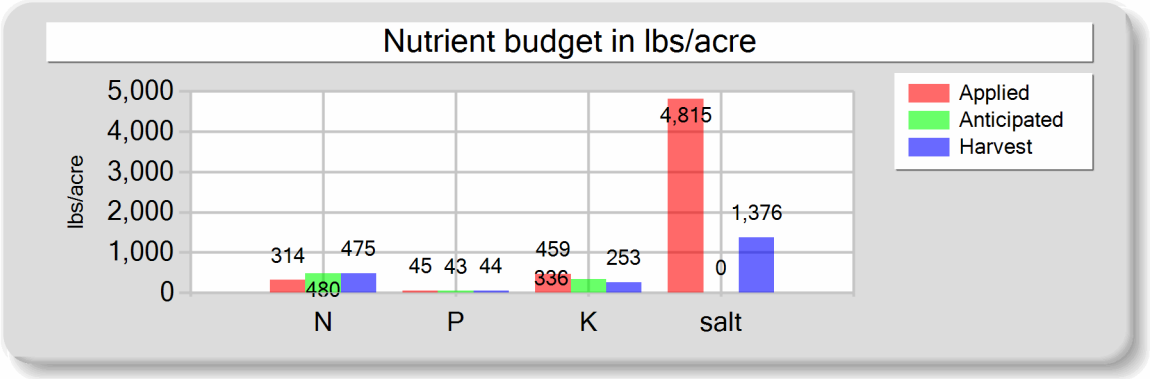

	Total N (lbs/acre)	Total P (lbs/acre)	Total K (lbs/acre)	Total salt (lbs/acre)
Existing soil nutrient content	0.00	0.00	0.00	0.00
Plowdown credit	0.00	0.00	0.00	0.00
Commercial fertilizer / Other	0.00	0.00	0.00	0.00
Dry manure	0.00	0.00	0.00	0.00
Process wastewater	299.71	44.89	459.47	3,216.26
Fresh water	0.00	0.00	0.00	1,599.14
Atmospheric deposition	14.00	0.00	0.00	0.00
Total nutrients applied	313.71	44.89	459.47	4,815.40
Anticipated crop nutrient removal	480.00	43.20	336.00	0.00
Actual crop nutrient removal	475.08	44.35	252.61	1,375.94
Nutrient balance	-161.37	0.54	206.85	3,439.46
Applied to removed ratio	0.66	1.01	1.82	3.50

Fresh water applied	
42,034,650.00	*gallons*
1,547.99	*acre-inches*
45.53	*inches/acre*

Process wastewater applied	
1,440,000.00	*gallons*
53.03	*acre-inches*
1.56	*inches/acre*

Total harvests for the crop	
1	*harvests*

FA 18 - 11/30/2020: Alfalfa, hay

Field name: FA 18 Crop: Alfalfa, hay Plant date: 11/30/2020

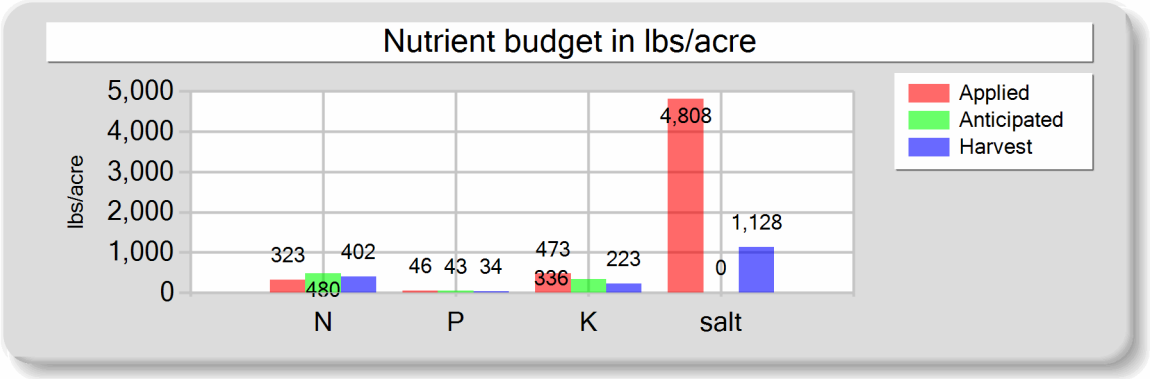

	Total N (lbs/acre)	Total P (lbs/acre)	Total K (lbs/acre)	Total salt (lbs/acre)
Existing soil nutrient content	0.00	0.00	0.00	0.00
Plowdown credit	0.00	0.00	0.00	0.00
Commercial fertilizer / Other	0.00	0.00	0.00	0.00
Dry manure	0.00	0.00	0.00	0.00
Process wastewater	308.80	46.25	473.39	3,313.72
Fresh water	0.00	0.00	0.00	1,494.33
Atmospheric deposition	14.00	0.00	0.00	0.00
Total nutrients applied	322.80	46.25	473.39	4,808.06
Anticipated crop nutrient removal	480.00	43.20	336.00	0.00
Actual crop nutrient removal	402.05	34.13	223.36	1,128.23
Nutrient balance	-79.26	12.11	250.03	3,679.83
Applied to removed ratio	0.80	1.35	2.12	4.26

Fresh water applied	
38,124,450.00	*gallons*
1,403.99	*acre-inches*
42.55	*inches/acre*

Process wastewater applied	
1,440,000.00	*gallons*
53.03	*acre-inches*
1.61	*inches/acre*

Total harvests for the crop	
1	*harvests*

FA 6 - 04/12/2023: Tomato

Field name: FA 6 Crop: Tomato Plant date: 04/12/2023

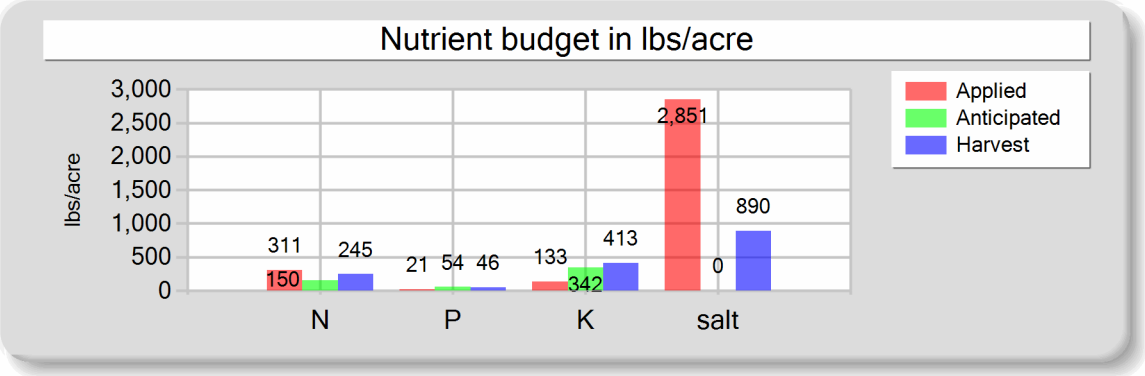

	Total N (lbs/acre)	Total P (lbs/acre)	Total K (lbs/acre)	Total salt (lbs/acre)
Existing soil nutrient content	0.00	0.00	0.00	0.00
Plowdown credit	0.00	0.00	0.00	0.00
Commercial fertilizer / Other	160.00	0.00	0.00	0.00
Dry manure	0.00	0.00	0.00	0.00
Process wastewater	137.03	20.86	132.68	1,164.61
Fresh water	0.00	0.00	0.00	1,685.92
Atmospheric deposition	14.00	0.00	0.00	0.00
Total nutrients applied	311.03	20.86	132.68	2,850.53
Anticipated crop nutrient removal	150.00	54.00	342.00	0.00
Actual crop nutrient removal	245.02	45.94	413.47	890.33
Nutrient balance	66.01	-25.08	-280.78	1,960.19
Applied to removed ratio	1.27	0.45	0.32	3.20

Fresh water applied	
114,699,200.00	*gallons*
4,223.98	*acre-inches*
48.00	*inches/acre*

Process wastewater applied	
1,527,500.00	*gallons*
56.25	*acre-inches*
0.64	*inches/acre*

Total harvests for the crop	
1	*harvests*

FA 7 - 04/12/2023: Tomato

Field name: FA 7 Crop: Tomato Plant date: 04/12/2023

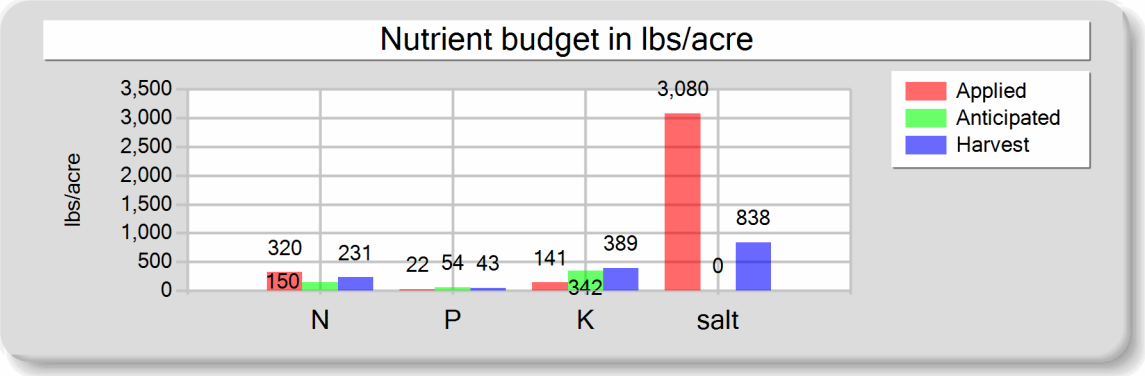

	Total N (lbs/acre)	Total P (lbs/acre)	Total K (lbs/acre)	Total salt (lbs/acre)
Existing soil nutrient content	0.00	0.00	0.00	0.00
Plowdown credit	0.00	0.00	0.00	0.00
Commercial fertilizer / Other	160.00	0.00	0.00	0.00
Dry manure	0.00	0.00	0.00	0.00
Process wastewater	145.52	22.15	140.90	1,236.73
Fresh water	0.00	0.00	0.00	1,843.18
Atmospheric deposition	14.00	0.00	0.00	0.00
Total nutrients applied	319.52	22.15	140.90	3,079.91
Anticipated crop nutrient removal	150.00	54.00	342.00	0.00
Actual crop nutrient removal	230.59	43.24	389.12	837.91
Nutrient balance	88.92	-21.09	-248.22	2,242.00
Applied to removed ratio	1.39	0.51	0.36	3.68

Fresh water applied	
95,474,050.00	*gallons*
3,515.98	*acre-inches*
52.48	*inches/acre*

Process wastewater applied	
1,235,000.00	*gallons*
45.48	*acre-inches*
0.68	*inches/acre*

Total harvests for the crop	
1	*harvests*

FA 8 - 11/07/2022: Wheat Hay

Field name: FA 8 Crop: Wheat Hay Plant date: 11/07/2022

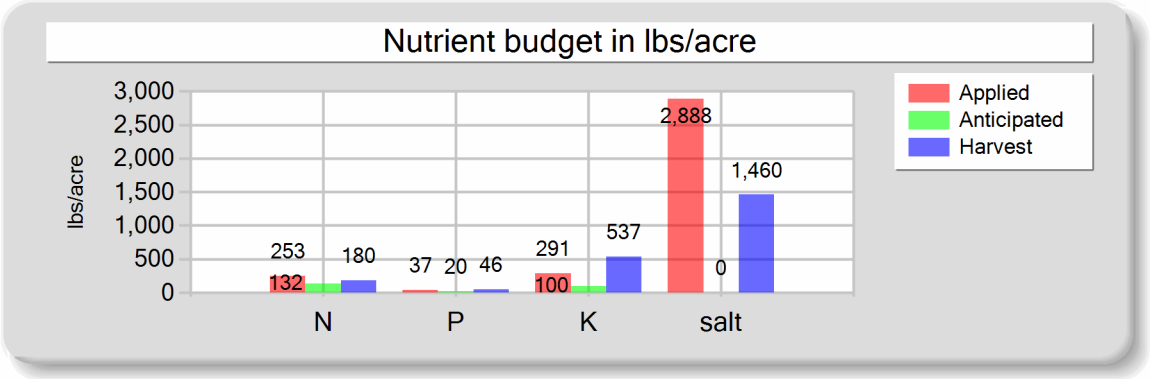

	Total N (lbs/acre)	Total P (lbs/acre)	Total K (lbs/acre)	Total salt (lbs/acre)
Existing soil nutrient content	0.00	0.00	0.00	0.00
Plowdown credit	0.00	0.00	0.00	0.00
Commercial fertilizer / Other	0.00	0.00	0.00	0.00
Dry manure	0.00	0.00	0.00	0.00
Process wastewater	245.62	37.16	291.31	2,298.92
Fresh water	0.00	0.00	0.00	588.83
Atmospheric deposition	7.00	0.00	0.00	0.00
Total nutrients applied	252.62	37.16	291.31	2,887.76
Anticipated crop nutrient removal	132.00	20.40	99.60	0.00
Actual crop nutrient removal	180.46	45.62	537.33	1,459.91
Nutrient balance	72.16	-8.47	-246.01	1,427.85
Applied to removed ratio	1.40	0.81	0.54	1.98

Fresh water applied	
30,955,750.00	*gallons*
1,140.00	*acre-inches*
16.76	*inches/acre*

Process wastewater applied	
2,210,000.00	*gallons*
81.39	*acre-inches*
1.20	*inches/acre*

Total harvests for the crop	
1	*harvests*

FA 8 - 07/01/2023: Corn, silage

Field name: FA 8 Crop: Corn, silage Plant date: 07/01/2023

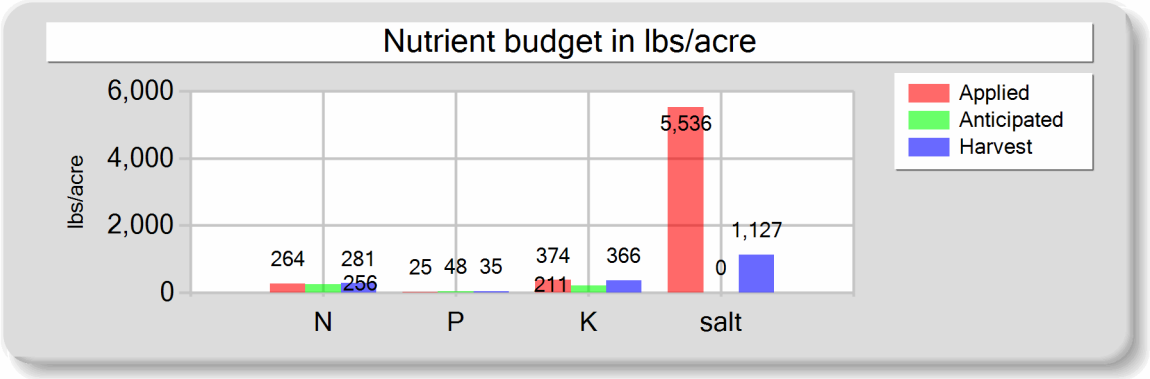

	Total N (lbs/acre)	Total P (lbs/acre)	Total K (lbs/acre)	Total salt (lbs/acre)
Existing soil nutrient content	0.00	0.00	0.00	0.00
Plowdown credit	0.00	0.00	0.00	0.00
Commercial fertilizer / Other	0.00	0.00	0.00	0.00
Dry manure	0.00	0.00	0.00	0.00
Process wastewater	257.25	24.86	374.39	3,879.62
Fresh water	0.00	0.00	0.00	1,655.92
Atmospheric deposition	7.00	0.00	0.00	0.00
Total nutrients applied	264.25	24.86	374.39	5,535.54
Anticipated crop nutrient removal	256.00	48.00	211.20	0.00
Actual crop nutrient removal	281.05	35.07	365.93	1,126.76
Nutrient balance	-16.81	-10.21	8.46	4,408.78
Applied to removed ratio	0.94	0.71	1.02	4.91

Fresh water applied	
60,608,100.00	*gallons*
2,231.99	*acre-inches*
32.82	*inches/acre*

Process wastewater applied	
2,957,500.00	*gallons*
108.91	*acre-inches*
1.60	*inches/acre*

Total harvests for the crop	
1	*harvests*

FA 9 - 11/06/2022: Wheat Hay

Field name: FA 9 Crop: Wheat Hay Plant date: 11/06/2022

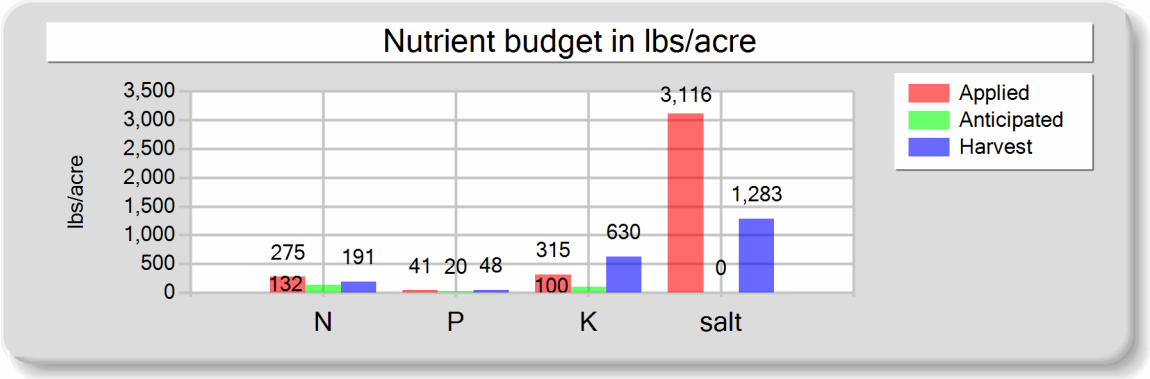

	Total N (lbs/acre)	Total P (lbs/acre)	Total K (lbs/acre)	Total salt (lbs/acre)
Existing soil nutrient content	0.00	0.00	0.00	0.00
Plowdown credit	0.00	0.00	0.00	0.00
Commercial fertilizer / Other	0.00	0.00	0.00	0.00
Dry manure	0.00	0.00	0.00	0.00
Process wastewater	268.08	40.57	315.25	2,498.45
Fresh water	0.00	0.00	0.00	617.17
Atmospheric deposition	7.00	0.00	0.00	0.00
Total nutrients applied	275.08	40.57	315.25	3,115.61
Anticipated crop nutrient removal	132.00	20.40	99.60	0.00
Actual crop nutrient removal	190.58	47.84	630.06	1,283.46
Nutrient balance	84.51	-7.27	-314.82	1,832.15
Applied to removed ratio	1.44	0.85	0.50	2.43

Fresh water applied	
26,719,700.00	*gallons*
984.00	*acre-inches*
17.57	*inches/acre*

Process wastewater applied	
1,982,500.00	*gallons*
73.01	*acre-inches*
1.30	*inches/acre*

Total harvests for the crop	
1	*harvests*

FA 9 - 06/21/2023: Corn, silage

Field name: FA 9 Crop: Corn, silage Plant date: 06/21/2023

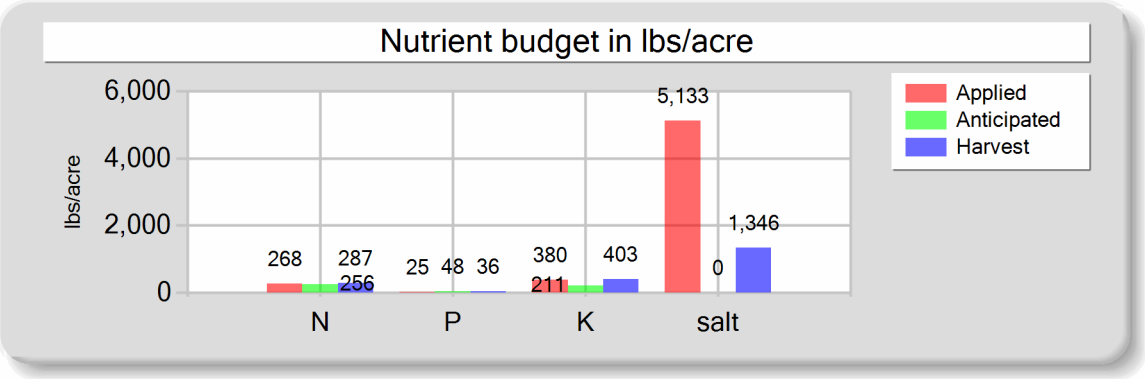

	Total N (lbs/acre)	Total P (lbs/acre)	Total K (lbs/acre)	Total salt (lbs/acre)
Existing soil nutrient content	0.00	0.00	0.00	0.00
Plowdown credit	0.00	0.00	0.00	0.00
Commercial fertilizer / Other	0.00	0.00	0.00	0.00
Dry manure	0.00	0.00	0.00	0.00
Process wastewater	261.49	25.19	380.18	3,950.98
Fresh water	0.00	0.00	0.00	1,181.65
Atmospheric deposition	7.00	0.00	0.00	0.00
Total nutrients applied	268.49	25.19	380.18	5,132.63
Anticipated crop nutrient removal	256.00	48.00	211.20	0.00
Actual crop nutrient removal	287.26	35.85	403.26	1,345.71
Nutrient balance	-18.78	-10.66	-23.08	3,786.92
Applied to removed ratio	0.93	0.70	0.94	3.81

Fresh water applied	
51,158,450.00	*gallons*
1,883.99	*acre-inches*
33.64	*inches/acre*

Process wastewater applied	
2,502,500.00	*gallons*
92.16	*acre-inches*
1.65	*inches/acre*

Total harvests for the crop	
1	*harvests*

NUTRIENT ANALYSES

A. MANURE ANALYSES

Spring Solid Manure

Sample and source description: Spring Solid Manure

Sample date: 05/03/2023 Material type: Corral solids Source of analysis: Lab analysis Method of reporting: Dry-weight

Moisture: 56.6 %

	Total N (mg/kg)	Total P (mg/kg)	Total K (mg/kg)	Calcium (mg/kg)	Magnesium (mg/kg)	Sodium (mg/kg)	Sulfur (mg/kg)	Chloride (mg/kg)	Total salt (mg/kg)	TFS (%)
Value	14,200.00	2,140.00	8,060.00	12,900.00	6,530.00	3,070.00	2,600.00	914.00		53.90
DL	100.00	100.00	100.00	100.00	100.00	100.00	100.00	50.00		0.01

Fall Solid Manure

Sample and source description: Fall Solid Manure

Sample date: 10/05/2023 Material type: Corral solids Source of analysis: Lab analysis Method of reporting: Dry-weight

Moisture: 54.0 %

	Total N (mg/kg)	Total P (mg/kg)	Total K (mg/kg)	Calcium (mg/kg)	Magnesium (mg/kg)	Sodium (mg/kg)	Sulfur (mg/kg)	Chloride (mg/kg)	Total salt (mg/kg)	TFS (%)
Value	15,400.00	4,490.00	37,500.00							39.10
DL	100.00	100.00	100.00							0.01

B. PROCESS WASTEWATER ANALYSES

Slurry

Sample and source description: Slurry

Sample date: 10/21/2022 Material type: Process wastewater sludge Source of analysis: Lab analysis pH: 0.00

	Kjeldahl-N (mg/L)	NH4-N (mg/L)	NH3-N (mg/L)	Nitrate-N (mg/L)	Total P (mg/L)	Total K (mg/L)	Calcium (mg/L)	Magnes. (mg/L)	Sodium (mg/L)	Bicarb. (mg/L)	Carb. (mg/L)	Sulfate (mg/L)	Chloride (mg/L)	EC (µmhos/cm)	TDS (mg/L)
Value	3,020.00	952.00	0.00	0.00	0.00	0.00								8,380.00	2,900
DL	0.50	0.50	0.50	0.50	0.50	0.50								1.00	10

WWQ4

Sample and source description: WWQ4

Sample date: 12/21/2022 Material type: Process wastewater Source of analysis: Lab analysis pH: 0.00

	Kjeldahl-N (mg/L)	NH4-N (mg/L)	NH3-N (mg/L)	Nitrate-N (mg/L)	Total P (mg/L)	Total K (mg/L)	Calcium (mg/L)	Magnes. (mg/L)	Sodium (mg/L)	Bicarb. (mg/L)	Carb. (mg/L)	Sulfate (mg/L)	Chloride (mg/L)	EC (µmhos/cm)	TDS (mg/L)
Value	848.00	545.00	0.00	0.00	127.00	1,300.00								10,900.00	9,100
DL	0.50	0.50	0.50	0.50	0.50	0.50								1.00	10

WWQ1

Sample and source description: WWQ1

Sample date: 03/10/2023 Material type: Process wastewater Source of analysis: Lab analysis pH: 0.00

	Kjeldahl-N (mg/L)	NH4-N (mg/L)	NH3-N (mg/L)	Nitrate-N (mg/L)	Total P (mg/L)	Total K (mg/L)	Calcium (mg/L)	Magnes. (mg/L)	Sodium (mg/L)	Bicarb. (mg/L)	Carb. (mg/L)	Sulfate (mg/L)	Chloride (mg/L)	EC (µmhos/cm)	TDS (mg/L)
Value	946.00	476.00	0.00	0.00	144.00	916.00								9,830.00	8,040
DL	0.50	0.50	0.50	0.50	0.50	0.50								1.00	10

WWQ2

Sample and source description: WWQ2

Sample date: 05/19/2023 Material type: Process wastewater Source of analysis: Lab analysis pH: 0.00

	Kjeldahl-N (mg/L)	NH4-N (mg/L)	NH3-N (mg/L)	Nitrate-N (mg/L)	Total P (mg/L)	Total K (mg/L)	Calcium (mg/L)	Magnes. (mg/L)	Sodium (mg/L)	Bicarb. (mg/L)	Carb. (mg/L)	Sulfate (mg/L)	Chloride (mg/L)	EC (µmhos/cm)	TDS (mg/L)
Value	846.00	515.00	0.00	0.00	85.50	1,250.00								10,600.00	12,400
DL	0.50	0.50	0.50	0.50	0.50	0.50								1.00	10

WWQ3

Sample and source description: WWQ3

Sample date: 09/27/2023 Material type: Process wastewater Source of analysis: Lab analysis pH: 0.00

	Kjeldahl-N (mg/L)	NH4-N (mg/L)	NH3-N (mg/L)	Nitrate-N (mg/L)	Total P (mg/L)	Total K (mg/L)	Calcium (mg/L)	Magnes. (mg/L)	Sodium (mg/L)	Bicarb. (mg/L)	Carb. (mg/L)	Sulfate (mg/L)	Chloride (mg/L)	EC (µmhos/cm)	TDS (mg/L)
Value	400.00	258.00	0.00	0.00	30.20	540.00								7,480.00	6,840
DL	0.50	0.50	0.50	0.50	0.50	0.50								1.00	10

WWQ4

Sample and source description: WWQ4

Sample date: 12/20/2023 Material type: Process wastewater Source of analysis: Lab analysis pH: 0.00

	Kjeldahl-N (mg/L)	NH4-N (mg/L)	NH3-N (mg/L)	Nitrate-N (mg/L)	Total P (mg/L)	Total K (mg/L)	Calcium (mg/L)	Magnes. (mg/L)	Sodium (mg/L)	Bicarb. (mg/L)	Carb. (mg/L)	Sulfate (mg/L)	Chloride (mg/L)	EC (µmhos/cm)	TDS (mg/L)
Value	616.00	428.00	0.00	0.00	55.60	666.00								8,160.00	8,120
DL	0.50	0.50	0.50	0.50	0.50	0.50								1.00	10

C. FRESH WATER ANALYSES

CCID

CCID

Sample description: CCID

Sample date: 07/25/2023 Source of analysis: Lab analysis

	Total N (mg/L)	NH4-N (mg/L)	Nitrate-N (mg/L)	Calcium (mg/L)	Magnesium (mg/L)	Sodium (mg/L)	Bicarbonate (mg/L)	Carbonate (mg/L)	Sulfate (mg/L)	Chloride (mg/L)	EC (µmhos/cm)	TDS (mg/L)
Value	0.00	0.00	0.00								228.00	155
DL	1.00	0.50	0.50								10.00	10

D. SOIL ANALYSES

No soil analyses entered.

E. PLANT TISSUE ANALYSES

FA 10 - 11/06/2022: Wheat Hay

FA 10 - 11/06/2022: Wheat Hay

Wheat Hay

Sample and source description: Wheat Hay

Sample date: 09/22/2023 Source of analysis: Lab analysis Method of reporting: As-is

Moisture: 10.0 %

	Total N (mg/kg)	Total P (mg/kg)	Total K (mg/kg)	Total salt (mg/kg)	TFS (%)
Value	16,050.00	3,960.00	51,300.00		13.40
DL	100.00	100.00	100.00		0.01

FA 10 - 06/21/2023: Corn, silage

Corn Silage

Sample and source description: Corn Silage

Sample date: 10/01/2023 Source of analysis: Lab analysis Method of reporting: As-is

Moisture: 70.0 %

	Total N (mg/kg)	Total P (mg/kg)	Total K (mg/kg)	Total salt (mg/kg)	TFS (%)
Value	5,200.00	810.00	2,880.00		5.61
DL	100.00	100.00	100.00		0.01

FA 11 - 11/07/2022: Wheat Hay

Wheat

Sample and source description: Wheat

Sample date: 09/22/2023 Source of analysis: Lab analysis Method of reporting: As-is

Moisture: 10.0 %

	Total N (mg/kg)	Total P (mg/kg)	Total K (mg/kg)	Total salt (mg/kg)	TFS (%)
Value	16,020.00	4,050.00	47,700.00		14.40
DL	100.00	100.00	100.00		0.01

FA 11 - 06/29/2023: Corn, silage

Corn Silage

Sample and source description: Corn Silage

Sample date: 10/10/2023 Source of analysis: Lab analysis Method of reporting: As-is

Moisture: 70.0 %

	Total N (mg/kg)	Total P (mg/kg)	Total K (mg/kg)	Total salt (mg/kg)	TFS (%)
Value	5,710.00	720.00	3,000.00		7.98
DL	100.00	100.00	100.00		0.01

FA 12 - 10/05/2022: Alfalfa, hay

Alfalfa

Sample and source description: Alfalfa

Sample date: 11/01/2023 Source of analysis: Lab analysis Method of reporting: As-is

Moisture: 8.7 %

	Total N (mg/kg)	Total P (mg/kg)	Total K (mg/kg)	Total salt (mg/kg)	TFS (%)
Value	33,100.00	3,090.00	17,600.00		10.50
DL	100.00	100.00	100.00		0.01

FA 17 - 11/30/2020: Alfalfa, hay

Alfalfa

Sample and source description: Alfalfa

Sample date: 11/01/2023 Source of analysis: Lab analysis Method of reporting: As-is

Moisture: 8.7 %

	Total N (mg/kg)	Total P (mg/kg)	Total K (mg/kg)	Total salt (mg/kg)	TFS (%)
Value	33,100.00	3,090.00	17,600.00		10.50
DL	100.00	100.00	100.00		0.01

FA 18 - 11/30/2020: Alfalfa, hay

Alfalfa

Sample and source description: Alfalfa

Sample date: 08/28/2023 Source of analysis: Lab analysis Method of reporting: As-is

Moisture: 8.7 %

	Total N (mg/kg)	Total P (mg/kg)	Total K (mg/kg)	Total salt (mg/kg)	TFS (%)
Value	35,100.00	2,980.00	19,500.00		10.80
DL	100.00	100.00	100.00		0.01

FA 6 - 04/12/2023: Tomato

Tomatoes

Sample and source description: Tomatoes

Sample date: 08/05/2023 Source of analysis: Lab analysis Method of reporting: As-is

Moisture: 94.3 %

	Total N (mg/kg)	Total P (mg/kg)	Total K (mg/kg)	Total salt (mg/kg)	TFS (%)
Value	1,600.00	300.00	2,700.00		10.20
DL	100.00	100.00	100.00		0.01

FA 7 - 04/12/2023: Tomato

Tomato

Sample and source description: Tomato

Sample date: 08/05/2023 Source of analysis: Lab analysis Method of reporting: As-is

Moisture: 94.3 %

	Total N (mg/kg)	Total P (mg/kg)	Total K (mg/kg)	Total salt (mg/kg)	TFS (%)
Value	1,600.00	300.00	2,700.00		10.20
DL	100.00	100.00	100.00		0.01

FA 8 - 11/07/2022: Wheat Hay

Wheat

Sample and source description: Wheat

Sample date: 09/22/2023 Source of analysis: Lab analysis Method of reporting: As-is

Moisture: 10.0 %

	Total N (mg/kg)	Total P (mg/kg)	Total K (mg/kg)	Total salt (mg/kg)	TFS (%)
Value	16,020.00	4,050.00	47,700.00		14.40
DL	100.00	100.00	100.00		0.01

Wheat

Sample and source description: Wheat

Sample date: 11/20/2023 Source of analysis: Lab analysis Method of reporting: As-is

Moisture: 73.8 %

	Total N (mg/kg)	Total P (mg/kg)	Total K (mg/kg)	Total salt (mg/kg)	TFS (%)
Value	4,830.00	600.00	6,290.00		7.39
DL	100.00	100.00	100.00		0.01

FA 8 - 07/01/2023: Corn, silage

Corn Silage

Sample and source description: Corn Silage

Sample date: 10/10/2023 Source of analysis: Lab analysis Method of reporting: As-is

Moisture: 70.0 %

	Total N (mg/kg)	Total P (mg/kg)	Total K (mg/kg)	Total salt (mg/kg)	TFS (%)
Value	5,530.00	690.00	7,200.00		7.39
DL	100.00	100.00	100.00		0.01

FA 9 - 11/06/2022: Wheat Hay

FA 9 - 11/06/2022: Wheat Hay

Wheat Hay

Sample and source description: Wheat Hay

Sample date: 09/22/2023 Source of analysis: Lab analysis Method of reporting: As-is

Moisture: 10.0 %

	Total N (mg/kg)	Total P (mg/kg)	Total K (mg/kg)	Total salt (mg/kg)	TFS (%)
Value	14,700.00	3,690.00	48,600.00		11.00
DL	100.00	100.00	100.00		0.01

FA 9 - 06/21/2023: Corn, silage

Corn Silage

Sample and source description: Corn Silage

Sample date: 10/01/2023 Source of analysis: Lab analysis Method of reporting: As-is

Moisture: 70.0 %

	Total N (mg/kg)	Total P (mg/kg)	Total K (mg/kg)	Total salt (mg/kg)	TFS (%)
Value	5,770.00	720.00	8,100.00		9.01
DL	100.00	100.00	100.00		0.01

F. SUBSURFACE (TILE) DRAINAGE ANALYSES

No subsurface (tile) drainage analyses entered.

NUTRIENT APPLICATIONS, POTENTIAL REMOVAL, AND BALANCE

A. SUMMARY OF NUTRIENT APPLICATIONS, POTENTIAL REMOVAL, AND BALANCE

	Total N (lbs)	Total P (lbs)	Total K (lbs)	Total salt (lbs)
Existing soil nutrient content	0.00	0.00	0.00	0.00
Plowdown credit	0.00	0.00	0.00	0.00
Commercial fertilizer / Other	24,800.00	0.00	0.00	0.00
Dry manure	0.00	0.00	0.00	0.00
Process wastewater	165,413.55	21,692.02	210,140.87	1,729,798.75
Fresh water	0.00	0.00	0.00	925,717.06
Atmospheric deposition	6,944.00	0.00	0.00	0.00
Total nutrients applied	197,157.55	21,692.02	210,140.87	2,655,515.81
Anticipated crop nutrient removal	165,402.00	28,998.00	161,689.20	0.00
Actual crop nutrient removal	203,122.30	32,078.10	298,687.00	907,222.33
Nutrient balance	-5,964.75	-10,386.08	-88,546.13	1,748,293.49
Applied to removed ratio	0.97	0.68	0.70	2.93

B. POUNDS OF NUTRIENT APPLIED VS. CROP REMOVAL

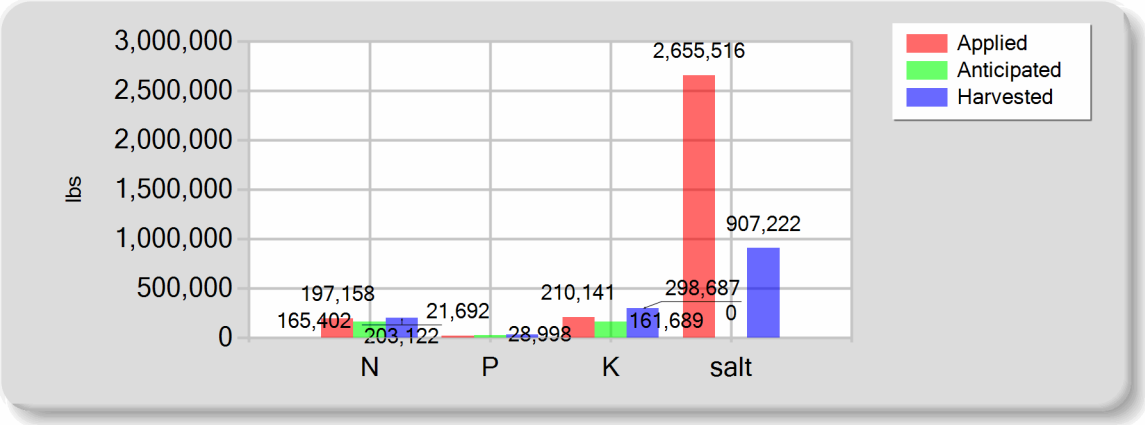

C. POUNDS OF NUTRIENT APPLIED BY MATERIAL TYPE

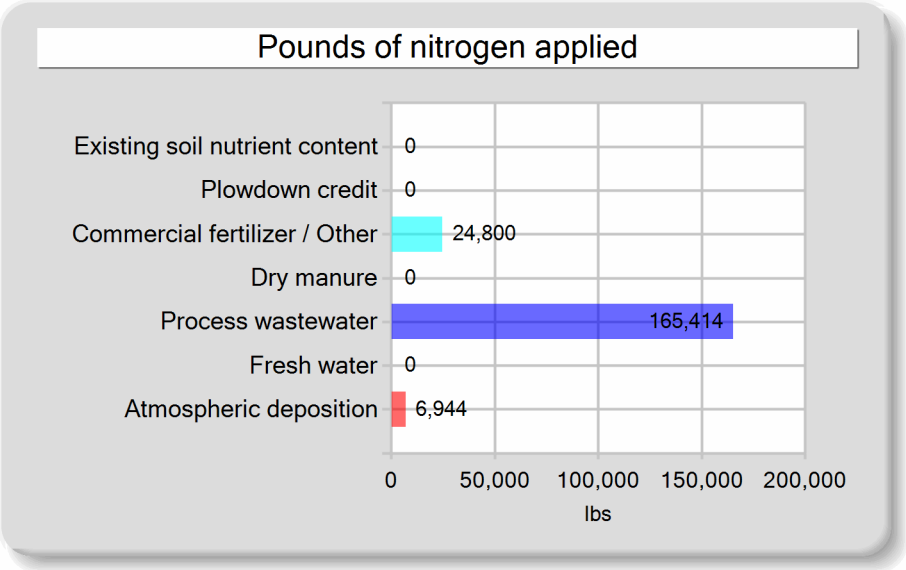

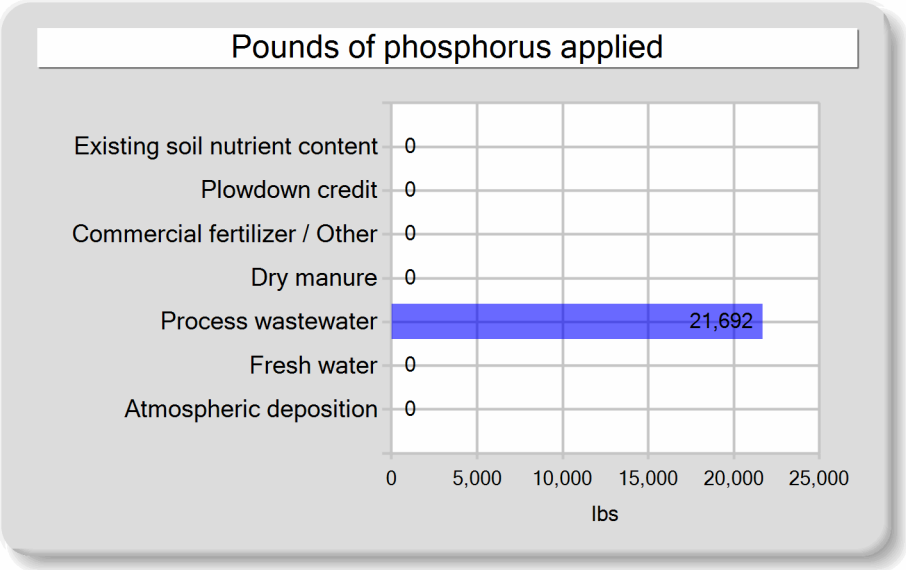

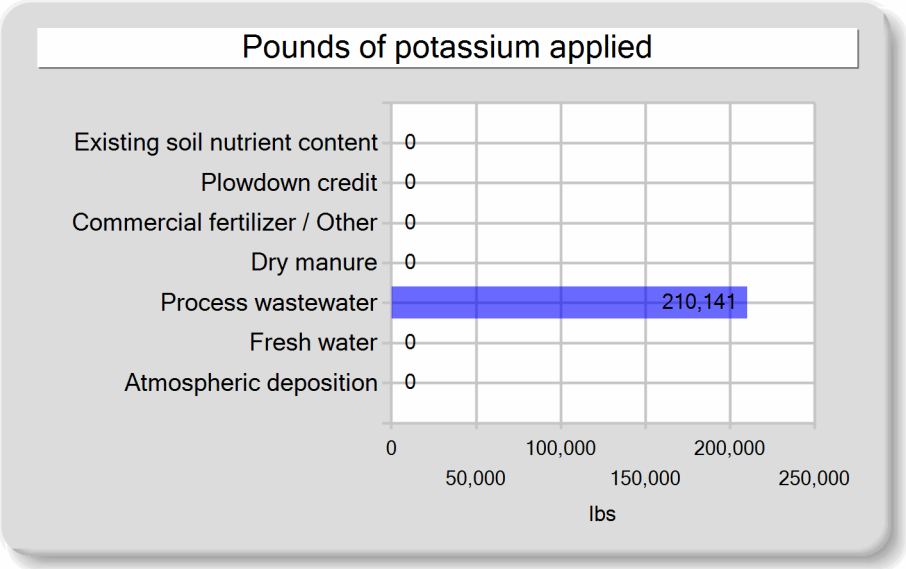

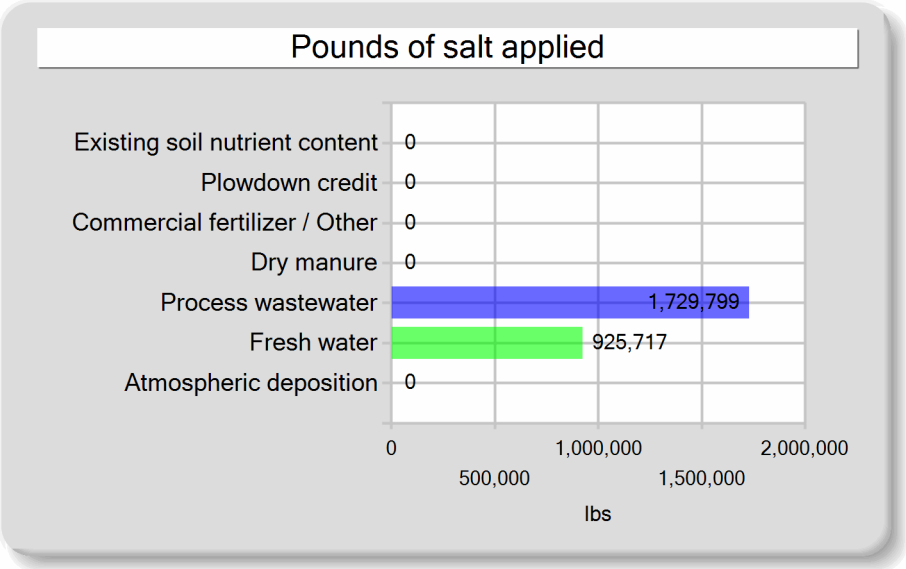

EXCEPTION REPORTING

A. MANURE, PROCESS WASTEWATER, AND OTHER DAIRY WASTE DISCHARGES

The following is a summary of all manure and process wastewater discharges from the production area to surface water or to land areas (land application areas or otherwise) when not in accordance with the facility's Nutrient Management Plan.

No manure or process wastewater discharges occurred during the reporting period.

B. STORM WATER DISCHARGES

The following is a summary of all storm water discharges from the production area to surface water during the reporting period when not in accordance with the facility 's Nutrient Management Plan.

No stormwater discharges occurred during the reporting period.

C. LAND APPLICATION AREA TO SURFACE WATER DISCHARGES

The following is a summary of all discharges from the land application area to surface water that have occurred during the reporting period when not in accordance with the facility's Nutrient Management Plan.

No land application area to surface water discharges occurred during the reporting period.

NUTRIENT MANAGEMENT PLAN AND EXPORT AGREEMENT STATEMENTS

A. NUTRIENT MANAGEMENT PLAN STATEMENTS

Was the facility's NMP updated in the reporting period?	No
Was the facility's NMP developed by a certified nutrient management planner (specialist) as specified in Attachment C of the General Order?	Yes
Was the facility's NMP approved by a certified nutrient management planner (specialist) as specified in Attachment C of the General Order?	Yes

B. EXPORT AGREEMENT STATEMENT

Are there any written agreements with third parties to receive manure or process wastewater that are new or were revised within the reporting period?	No

ADDITIONAL NOTES

A. NOTES

No notes entered for this annual report.

Annual Report - General Order No. R5-2007-0035
Reporting period 01/01/2023 to 12/31/2023.

CERTIFICATION

A. OWNER AND/OR OPERATOR CERTIFICATION

I certify under penalty of law that I have personally examined and am familiar with the information submitted in this document and all attachments and that, based on my inquiry of those individuals immediately responsible for obtaining the information, I believe that the information is true, accurate, and complete. I am aware that there are significant penalties for submitting false information, including the possibility of fine and imprisonment.

Ro[illegible] (Jun 28, 2024 08:35 PDT)	Brian Luis (Jun 28, 2024 12:51 PDT)
SIGNATURE OF OWNER OF FACILITY	SIGNATURE OF OPERATOR OF FACILITY
David Santos	Brian Luis
PRINT OR TYPE NAME	PRINT OR TYPE NAME
Jun 28, 2024	Jun 28, 2024
DATE	DATE

ATTACHMENTS

A. REQUIRED ATTACHMENTS

The following lists the required documents that should be attached to the Annual Report when submitted .

Annual Dairy Facility Assessment
Provide an Annual Dairy Facility Assessment (an update to the Preliminary Dairy Facility Assessment in Attachment A) for each reporting period. On the PDFA Final page, click on the ADFA Report button to generate an ADFA report after updating information as needed .

Manure/Process Wastewater Tracking Manifests
Provide copies of all manure/process wastewater tracking manifests for the reporting period, signed by both the owner/operator and the hauler.

Corrective Actions Documents
Provide records documenting any corrective actions taken to correct deficiencies noted as a result of the inspections required in the Monitoring Requirements of the General Order. Deficiencies not corrected in 30 days must be accompanied by an explanation of the factors preventing immediate correction.

Groundwater Monitoring
Dischargers that monitor supply wells or subsurface (tile) drainage systems, or that have monitoring well systems must submit monitoring results as directed in the General Order, Groundwater Reporting Section starting on page MRP-13.

Storm Water Monitoring
Dischargers that are required to monitor storm water more frequently than required in the General Order must submit monitoring results as directed in the General Order, Storm Water Reporting Section on page MRP-14.

Manure / Process Wastewater Tracking Manifest
For
Existing Milk Cow Dairies

General Order No. R5-2007-0035, Attachment D

INSTRUCTIONS

1) Complete one manifest for each hauling event, for each destination. A hauling event may last for several days, as long as the manure is being hauled to the same destination.
2) If there are multiple destinations, complete a separate form for each destination.
3) The operator must obtain the signature of the hauler upon completion of each manure/process wastewater hauling event.
4) The operator shall submit copies of manure/process wastewater tracking manifest(s) with the Annual Monitoring Report for Existing Milk Cow Dairies.

OPERATOR INFORMATION

Name of Operator: Brian Luis

Name of Dairy Facility: Charleston Road Dairy

Facility Address:

19556 W Charleston RD	Los Banos	Merced	93635
Number and Street	City	County	Zip Code

Contact Person Name and Phone Number: Brian Luis (209) 826-1065
Name Phone Number

MANURE HAULER INFORMATION

Name of Hauling Company/Person: David Santos Farms

Address of Hauling Company/Person:

19556 W Charleston RD	Los Banos	CA	93635
Number and Street	City	State	Zip Code

Contact Person: David Santos (209) 826-1065
Name Phone Number

DESTINATION INFORMATION

Composting Facility / Broker / Farmer / Other (identify): Farmer

Contact information of Composting Facility, Broker, Farmer, or Other (as identified above):

David Santos Farms LP Ranch (209) 826-1065
Name Phone Number

19556 W Charleston RD	Los Banos	CA	93635
Address	City	State	Zip Code

Destination Address or Assessor's Parcel Number:

Address City Zip Code

Street and nearest cross street (if no address) County

0454-0130-0018-0000 Merced
Assessor's Parcel Number Assessor's Parcel Number County

Last date hauled: 05/01/2023

Manure / Process Wastewater Tracking Manifest
For
Existing Milk Cow Dairies

General Order No. R5-2007-0035, Attachment D

MANURE AMOUNT HAULED

Enter the amount of manure hauled in tons, manure solids content, and the method used to calculate the amount:

Manure: 2,100.00 tons

Manure Solids Content: 43.4 %

Method used to determine amount of manure:

Hauler's Calcs.

CERTIFICATION

I declare under penalty of law that I personally examined and am familiar with the information submitted in this document, and that based on my inquiry of those individuals immediately responsible for obtaining the information, I believe that the information is true , accurate, and complete. I am aware that there are significant penalties for submitting false information, including the possibility of a fine and imprisonment for knowing violations.

Brian Luis (Jun 28, 2024 12:51 PDT)

Operator Signature — Date: Jun 28, 2024

Ron Wilson (Jun 28, 2024 08:35 PDT)

Hauler Signature — Date: Jun 28, 2024

Manure / Process Wastewater Tracking Manifest
For
Existing Milk Cow Dairies

General Order No. R5-2007-0035, Attachment D

INSTRUCTIONS

1) Complete one manifest for each hauling event, for each destination. A hauling event may last for several days, as long as the manure is being hauled to the same destination.
2) If there are multiple destinations, complete a separate form for each destination.
3) The operator must obtain the signature of the hauler upon completion of each manure/process wastewater hauling event.
4) The operator shall submit copies of manure/process wastewater tracking manifest(s) with the Annual Monitoring Report for Existing Milk Cow Dairies.

OPERATOR INFORMATION

Name of Operator: Brian Luis

Name of Dairy Facility: Charleston Road Dairy

Facility Address:

Number and Street	City	County	Zip Code
19556 W Charleston RD	Los Banos	Merced	93635

Contact Person Name and Phone Number: Brian Luis (Name) (209) 826-1065 (Phone Number)

MANURE HAULER INFORMATION

Name of Hauling Company/Person: David Santos Farms

Address of Hauling Company/Person:

Number and Street	City	State	Zip Code
19556 W Charleston RD	Los Banos	CA	93635

Contact Person: David Santos (Name) (209) 826-1065 (Phone Number)

DESTINATION INFORMATION

Composting Facility / Broker / Farmer / Other (identify): Farmer

Contact information of Composting Facility, Broker, Farmer, or Other (as identified above):

Name	Phone Number
David Santos Farms SP Ranch	(209) 826-1065

Address	City	State	Zip Code
19556 W Charleston RD	Los Banos	CA	93635

Destination Address or Assessor's Parcel Number:

Address	City	Zip Code

Street and nearest cross street (if no address)	County

Assessor's Parcel Number	Assessor's Parcel Number County
0083-0180-0022-0000	Merced

Last date hauled: 05/01/2023

Manure / Process Wastewater Tracking Manifest
For
Existing Milk Cow Dairies

General Order No. R5-2007-0035, Attachment D

MANURE AMOUNT HAULED

Enter the amount of manure hauled in tons, manure solids content, and the method used to calculate the amount:

Manure: 1,640.00 tons

Manure Solids Content: 42.6 %

Method used to determine amount of manure:

Hauler's Calcs.

CERTIFICATION

I declare under penalty of law that I personally examined and am familiar with the information submitted in this document, and that based on my inquiry of those individuals immediately responsible for obtaining the information, I believe that the information is true , accurate, and complete. I am aware that there are significant penalties for submitting false information, including the possibility of a fine and imprisonment for knowing violations.

Brian Luis (Jun 28, 2024 12:51 PDT)

Operator Signature — Date: Jun 28, 2024

Ro[illegible] (Jun 28, 2024 08:35 PDT)

Hauler Signature — Date: Jun 28, 2024

Manure / Process Wastewater Tracking Manifest
For
Existing Milk Cow Dairies

General Order No. R5-2007-0035, Attachment D

INSTRUCTIONS

1) Complete one manifest for each hauling event, for each destination. A hauling event may last for several days, as long as the manure is being hauled to the same destination.
2) If there are multiple destinations, complete a separate form for each destination.
3) The operator must obtain the signature of the hauler upon completion of each manure/process wastewater hauling event.
4) The operator shall submit copies of manure/process wastewater tracking manifest(s) with the Annual Monitoring Report for Existing Milk Cow Dairies.

OPERATOR INFORMATION

Name of Operator: Brian Luis

Name of Dairy Facility: Charleston Road Dairy

Facility Address:

19556 W Charleston RD	Los Banos	Merced	93635
Number and Street	City	County	Zip Code

Contact Person Name and Phone Number: Brian Luis (209) 826-1065
Name Phone Number

MANURE HAULER INFORMATION

Name of Hauling Company/Person: David Santos Farms

Address of Hauling Company/Person:

19556 W Charleston RD	Los Banos	CA	93635
Number and Street	City	State	Zip Code

Contact Person: David Santos (209) 826-1065
Name Phone Number

DESTINATION INFORMATION

Composting Facility / Broker / Farmer / Other (identify): Farmer

Contact information of Composting Facility, Broker, Farmer, or Other (as identified above):

David Santos Farms - MS Ranch (209) 826-1065
Name Phone Number

19556 W Charleston RD	Los Banos	CA	93635
Address	City	State	Zip Code

Destination Address or Assessor's Parcel Number:

Address City Zip Code

Street and nearest cross street (if no address) County

0454-0130-0020-0000 Merced
Assessor's Parcel Number Assessor's Parcel Number County

Last date hauled: 10/05/2023

Manure / Process Wastewater Tracking Manifest
For
Existing Milk Cow Dairies

General Order No. R5-2007-0035, Attachment D

MANURE AMOUNT HAULED

Enter the amount of manure hauled in tons, manure solids content, and the method used to calculate the amount:

Manure: 820.00 tons

Manure Solids Content: 46.0 %

Method used to determine amount of manure:

Hauler's Calcs.

CERTIFICATION

I declare under penalty of law that I personally examined and am familiar with the information submitted in this document, and that based on my inquiry of those individuals immediately responsible for obtaining the information, I believe that the information is true , accurate, and complete. I am aware that there are significant penalties for submitting false information, including the possibility of a fine and imprisonment for knowing violations.

Brian Luis (Jun 28, 2024 12:51 PDT)

Operator Signature — Date: Jun 28, 2024

Ron Silva (Jun 28, 2024 08:35 PDT)

Hauler Signature — Date: Jun 28, 2024

Manure / Process Wastewater Tracking Manifest
For
Existing Milk Cow Dairies

General Order No. R5-2007-0035, Attachment D

INSTRUCTIONS

1) Complete one manifest for each hauling event, for each destination. A hauling event may last for several days, as long as the manure is being hauled to the same destination.
2) If there are multiple destinations, complete a separate form for each destination.
3) The operator must obtain the signature of the hauler upon completion of each manure/process wastewater hauling event.
4) The operator shall submit copies of manure/process wastewater tracking manifest(s) with the Annual Monitoring Report for Existing Milk Cow Dairies.

OPERATOR INFORMATION

Name of Operator: Brian Luis

Name of Dairy Facility: Charleston Road Dairy

Facility Address:

Number and Street	City	County	Zip Code
19556 W Charleston RD	Los Banos	Merced	93635

Contact Person Name and Phone Number: Brian Luis (Name) (209) 826-1065 (Phone Number)

MANURE HAULER INFORMATION

Name of Hauling Company/Person: David Santos Farms

Address of Hauling Company/Person:

Number and Street	City	State	Zip Code
19556 W Charleston RD	Los Banos	CA	93635

Contact Person: David Santos (Name) (209) 826-1065 (Phone Number)

DESTINATION INFORMATION

Composting Facility / Broker / Farmer / Other (identify): Farmer

Contact information of Composting Facility, Broker, Farmer, or Other (as identified above):

Name	Phone Number
David Santos Farms JP Ranch	(209) 826-1065

Address	City	State	Zip Code
19556 Charleston RD	Los Banos	CA	93635

Destination Address or Assessor's Parcel Number:

Address	City	Zip Code

Street and nearest cross street (if no address)	County

Assessor's Parcel Number	Assessor's Parcel Number County
0088-0070-0054-0000	Merced

Last date hauled: 10/06/2023

Manure / Process Wastewater Tracking Manifest
For
Existing Milk Cow Dairies

General Order No. R5-2007-0035, Attachment D

MANURE AMOUNT HAULED

Enter the amount of manure hauled in tons, manure solids content, and the method used to calculate the amount:

Manure: 4,470.00 tons

Manure Solids Content: 46.0 %

Method used to determine amount of manure:

Hauler's Calcs.

CERTIFICATION

I declare under penalty of law that I personally examined and am familiar with the information submitted in this document, and that based on my inquiry of those individuals immediately responsible for obtaining the information, I believe that the information is true , accurate, and complete. I am aware that there are significant penalties for submitting false information, including the possibility of a fine and imprisonment for knowing violations.

Brian Luis (Jun 28, 2024 12:51 PDT)

Operator Signature — Date: Jun 28, 2024

Ro[illegible] (Jun 28, 2024 08:35 PDT)

Hauler Signature — Date: Jun 28, 2024

Manure / Process Wastewater Tracking Manifest
For
Existing Milk Cow Dairies

General Order No. R5-2007-0035, Attachment D

INSTRUCTIONS

1) Complete one manifest for each hauling event, for each destination. A hauling event may last for several days, as long as the manure is being hauled to the same destination.
2) If there are multiple destinations, complete a separate form for each destination.
3) The operator must obtain the signature of the hauler upon completion of each manure/process wastewater hauling event.
4) The operator shall submit copies of manure/process wastewater tracking manifest(s) with the Annual Monitoring Report for Existing Milk Cow Dairies.

OPERATOR INFORMATION

Name of Operator: Brian Luis

Name of Dairy Facility: Charleston Road Dairy

Facility Address:

Number and Street	City	County	Zip Code
19556 W Charleston RD	Los Banos	Merced	93635

Contact Person Name and Phone Number: Brian Luis (Name) (209) 826-1065 (Phone Number)

MANURE HAULER INFORMATION

Name of Hauling Company/Person: David Santos Farms

Address of Hauling Company/Person:

Number and Street	City	State	Zip Code
19556 W Charleston RD	Los Banos	CA	93635

Contact Person: David Santos (Name) (209) 826-1065 (Phone Number)

DESTINATION INFORMATION

Composting Facility / Broker / Farmer / Other (identify): Farmer

Contact information of Composting Facility, Broker, Farmer, or Other (as identified above):

Name	Phone Number
David Santos Farming GL Ranch	(209) 826-1065

Address	City	State	Zip Code
19556 W Charleston RD	Los Banos	CA	93635

Destination Address or Assessor's Parcel Number:

Address	City	Zip Code

Street and nearest cross street (if no address)	County

Assessor's Parcel Number	Assessor's Parcel Number County
0081-0080-0018-0000	Merced

Last date hauled: 10/05/2023

Manure / Process Wastewater Tracking Manifest
For
Existing Milk Cow Dairies

General Order No. R5-2007-0035, Attachment D

MANURE AMOUNT HAULED

Enter the amount of manure hauled in tons, manure solids content, and the method used to calculate the amount:

Manure: 290.00 tons

Manure Solids Content: 46.0 %

Method used to determine amount of manure:

Hauler's Calcs.

CERTIFICATION

I declare under penalty of law that I personally examined and am familiar with the information submitted in this document, and that based on my inquiry of those individuals immediately responsible for obtaining the information, I believe that the information is true , accurate, and complete. I am aware that there are significant penalties for submitting false information, including the possibility of a fine and imprisonment for knowing violations.

Brian Luis (Jun 28, 2024 12:51 PDT)

Jun 28, 2024

Operator Signature | Date

Jun 28, 2024

Hauler Signature | Date

Manure / Process Wastewater Tracking Manifest
For
Existing Milk Cow Dairies

General Order No. R5-2007-0035, Attachment D

INSTRUCTIONS

1) Complete one manifest for each hauling event, for each destination. A hauling event may last for several days, as long as the manure is being hauled to the same destination.
2) If there are multiple destinations, complete a separate form for each destination.
3) The operator must obtain the signature of the hauler upon completion of each manure/process wastewater hauling event.
4) The operator shall submit copies of manure/process wastewater tracking manifest(s) with the Annual Monitoring Report for Existing Milk Cow Dairies.

OPERATOR INFORMATION

Name of Operator: Brian Luis

Name of Dairy Facility: Charleston Road Dairy

Facility Address:

Number and Street	City	County	Zip Code
19556 W Charleston RD	Los Banos	Merced	93635

Contact Person Name and Phone Number: Brian Luis (Name) (209) 826-1065 (Phone Number)

PROCESS WASTEWATER HAULER INFORMATION

Name of Hauling Company/Person: F&A Lagoon Management

Address of Hauling Company/Person:

Number and Street	City	State	Zip Code
2930 Geer RD	Turlock	CA	95382

Contact Person: Fontes (Name) (209) 678-1257 (Phone Number)

DESTINATION INFORMATION

Composting Facility / Broker / Farmer / Other (identify): Farmer

Contact information of Composting Facility, Broker, Farmer, or Other (as identified above):

Name: Santos YM Ranch
Phone Number: (209) 826-1065

Address	City	State	Zip Code
19556 W Charleston RD	Los Banos	CA	93635

Destination Address or Assessor's Parcel Number:

Address: _____ City: _____ Zip Code: _____

Street and nearest cross street (if no address): _____ County: _____

Assessor's Parcel Number: 0083-0180-0025-0000
Assessor's Parcel Number County: Merced

Last date hauled: 10/15/2023

Manure / Process Wastewater Tracking Manifest
For
Existing Milk Cow Dairies

General Order No. R5-2007-0035, Attachment D

PROCESS WASTEWATER AMOUNT HAULED

Enter the amount of process wastewater hauled in gallons and the method used to determine the amount:

Process Wastewater: 1,016,500 gallons

Method used to determine volume of process wastewater:

Haulers Calcs

WRITTEN AGREEMENT

Does the Operator have a written agreement (in compliance with Land Application Specification C.2 of Waste Discharge Requirements General Order No. R5-2007-0035) with any party that receives process wastewater from the Operator for its own use?

[ ] YES [X] NO

If the answer is no, the Operator agrees to have such a written agreement with any such party for any process wastewater transferred after 31 December 2007 to such party.

_____ (Operator shall provide initials here to acknowledge this requirement)

CERTIFICATION

I declare under penalty of law that I personally examined and am familiar with the information submitted in this document, and that based on my inquiry of those individuals immediately responsible for obtaining the information, I believe that the information is true , accurate, and complete. I am aware that there are significant penalties for submitting false information, including the possibility of a fine and imprisonment for knowing violations.

Brian Luis (Jun 28, 2024 12:51 PDT) Jun 28, 2024

Operator Signature Date

Sarafin Fontes

Hauler Signature Date

Manure / Process Wastewater Tracking Manifest
For
Existing Milk Cow Dairies

General Order No. R5-2007-0035, Attachment D

INSTRUCTIONS

1) Complete one manifest for each hauling event, for each destination. A hauling event may last for several days, as long as the manure is being hauled to the same destination.
2) If there are multiple destinations, complete a separate form for each destination.
3) The operator must obtain the signature of the hauler upon completion of each manure/process wastewater hauling event.
4) The operator shall submit copies of manure/process wastewater tracking manifest(s) with the Annual Monitoring Report for Existing Milk Cow Dairies.

OPERATOR INFORMATION

Name of Operator: Brian Luis

Name of Dairy Facility: Charleston Road Dairy

Facility Address:

Number and Street	City	County	Zip Code
19556 W Charleston RD	Los Banos	Merced	93635

Contact Person Name and Phone Number:

Name	Phone Number
Brian Luis	(209) 826-1065

PROCESS WASTEWATER HAULER INFORMATION

Name of Hauling Company/Person: F&A Lagoon Management

Address of Hauling Company/Person:

Number and Street	City	State	Zip Code
2930 Geer RD	Turlock	CA	95382

Contact Person:

Name	Phone Number
Fontes	(209) 678-1257

DESTINATION INFORMATION

Composting Facility / Broker / Farmer / Other (identify): Farmer

Contact information of Composting Facility, Broker, Farmer, or Other (as identified above):

Name	Phone Number
Santos FB1	(209) 826-1065

Address	City	State	Zip Code
19556 W Charleston RD	Los Banos	CA	93635

Destination Address or Assessor's Parcel Number:

Address	City	Zip Code

Street and nearest cross street (if no address)	County

Assessor's Parcel Number	Assessor's Parcel Number County
0083-0180-0026-0000	Merced

Last date hauled: 10/15/2023

Manure / Process Wastewater Tracking Manifest
For
Existing Milk Cow Dairies

General Order No. R5-2007-0035, Attachment D

PROCESS WASTEWATER AMOUNT HAULED

Enter the amount of process wastewater hauled in gallons and the method used to determine the amount:

Process Wastewater: 237,500 gallons

Method used to determine volume of process wastewater:

Haulers Calcs

WRITTEN AGREEMENT

Does the Operator have a written agreement (in compliance with Land Application Specification C.2 of Waste Discharge Requirements General Order No. R5-2007-0035) with any party that receives process wastewater from the Operator for its own use?

[X] YES [ ] NO

If the answer is no, the Operator agrees to have such a written agreement with any such party for any process wastewater transferred after 31 December 2007 to such party.

_____ (Operator shall provide initials here to acknowledge this requirement)

CERTIFICATION

I declare under penalty of law that I personally examined and am familiar with the information submitted in this document, and that based on my inquiry of those individuals immediately responsible for obtaining the information, I believe that the information is true , accurate, and complete. I am aware that there are significant penalties for submitting false information, including the possibility of a fine and imprisonment for knowing violations.

Brian Luis (Jun 28, 2024 12:51 PDT) — Jun 28, 2024

Operator Signature — Date

Sarafin Fontes

Hauler Signature — Date

Denele Analytical, Inc.

865 South Kilroy Avenue Turlock, CA 95380
Phone (209) 634-9055 - Fax (209) 634-9057

www.denelelabs.com

40 N. East Street, Woodland, CA 95776
Phone (530) 666-9056 - Fax (530) 666-9058

Compliance Analysis Report

Customer
Luis Dairy-Los Banos
1692 Mahogany Drive
Los Banos, CA 93635

Grower

Consultant:
F & R Ag Services
2857 Geer Rd. Ste A
Turlock, CA 95382

PURCHASE ORDER:
RECEIVED DATE: 12/20/23 1:25 PM
SUBMITTED BY: KRC
ANALYZED DATE: 12/21/23

Irrigation/ Ground Water (H1)
SOURCE: Well Water

NOTES: Temperature was above qualifying at 8.6c

Sample ID	Lab ID	Analyte	Method Ref	Result	Units
New Well	T3354014A	Electrical Conductivity (EC)	EPA 120.1 and	2.51	mmhos/cm
		Nitrate Nitrogen (NO3-N)	EPA 353.2	17.2	mg/L
		Ammonia Nitrogen (NH3-N)	SM 4500-NH3 D,C	< 0.500	mg/L
		Soluble Salts (SALT-SOL)	Calculation	1610	mg/L

Laboratory Quality Control	LCS %	MS %	MSD %	RPD %
Ammonia Nitrogen (NH3-N)	91.4	92.8 (T3355001A)	94.6 (T3355001A)	1.92
Electrical Conductivity (EC)	99.8			0.434
Nitrate Nitrogen (NO3-N)	104	12.7 (T3354012A)	13.9 (T3354012A)	8.73

The warranty of Denele Analytical is limited to the accuracy of the analyses of the samples as received. Denele Analytical assumes no responsibility for which the customer uses our test results, nor liability for any other warranties, express or implied. These terms and conditions shall supercede any conflicting terms and conditions submitted on customer purchase orders or other forms submitted for work.

ELAP Certificate No.: 2714

Denele Analytical, Inc.

865 South Kilroy Avenue Turlock, CA 95380
Phone (209) 634-9055 - Fax (209) 634-9057

www.denelelabs.com

40 N. East Street, Woodland, CA 95776
Phone (530) 666-9056 - Fax (530) 666-9058

Compliance Analysis Report

Customer
Luis Dairy-Los Banos
1692 Mahogany Drive
Los Banos, CA 93635

Grower

Consultant:
F & R Ag Services
2857 Geer Rd. Ste A
Turlock, CA 95382

PURCHASE ORDER:
RECEIVED DATE: 12/20/23 1:25 PM
SUBMITTED BY: KRC
ANALYZED DATE: 12/21/23

Irrigation/ Ground Water (H1)
SOURCE: Well Water

NOTES: Temperature was above qualifying at 8.6c

Sample ID	Lab ID	Analyte	Method Ref	Result	Units
Big Well	T3354014B	Electrical Conductivity (EC)	EPA 120.1 and	2.28	mmhos/cm
		Nitrate Nitrogen (NO3-N)	EPA 353.2	15.9	mg/L
		Ammonia Nitrogen (NH3-N)	SM 4500-NH3 D,C	< 0.500	mg/L
		Soluble Salts (SALT-SOL)	Calculation	1460	mg/L

Laboratory Quality Control	LCS %	MS %	MSD %	RPD %
Ammonia Nitrogen (NH3-N)	91.4	92.8 (T3355001A)	94.6 (T3355001A)	1.92
Electrical Conductivity (EC)	99.8			0.434
Nitrate Nitrogen (NO3-N)	104	12.7 (T3354012A)	13.9 (T3354012A)	8.73

The warranty of Denele Analytical is limited to the accuracy of the analyses of the samples as received. Denele Analytical assumes no responsibility for which the customer uses our test results, nor liability for any other warranties, express or implied. These terms and conditions shall supercede any conflicting terms and conditions submitted on customer purchase orders or other forms submitted for work.

ELAP Certificate No.: 2714

Denele Analytical, Inc.

865 South Kilroy Avenue Turlock, CA 95380
Phone (209) 634-9055 - Fax (209) 634-9057

www.denelelabs.com

40 N. East Street, Woodland, CA 95776
Phone (530) 666-9056 - Fax (530) 666-9058

Compliance Analysis Report

Customer
Luis Dairy-Los Banos
1692 Mahogany Drive
Los Banos, CA 93635

Grower

Consultant:
F & R Ag Services
2857 Geer Rd. Ste A
Turlock, CA 95382

PURCHASE ORDER:
RECEIVED DATE: 12/20/23 1:25 PM
SUBMITTED BY: KRC
ANALYZED DATE: 12/21/23

Irrigation/ Ground Water (H1)
SOURCE: Well Water

NOTES: Temperature was above qualifying at 8.0c

Sample ID	Lab ID	Analyte	Method Ref	Result	Units
Old Well	T3354014C	Electrical Conductivity (EC)	EPA 120.1 and	2.27	mmhos/cm
		Nitrate Nitrogen (NO3-N)	EPA 353.2	16.0	mg/L
		Ammonia Nitrogen (NH3-N)	SM 4500-NH3 D,C	< 0.500	mg/L
		Soluble Salts (SALT-SOL)	Calculation	1450	mg/L

Laboratory Quality Control	LCS %	MS %	MSD %	RPD %
Ammonia Nitrogen (NH3-N)	91.4	92.8 (T3355001A)	94.6 (T3355001A)	1.92
Electrical Conductivity (EC)	99.8			0.434
Nitrate Nitrogen (NO3-N)	104	12.7 (T3354012A)	13.9 (T3354012A)	8.73

The warranty of Denele Analytical is limited to the accuracy of the analyses of the samples as received. Denele Analytical assumes no responsibility for which the customer uses our test results, nor liability for any other warranties, express or implied. These terms and conditions shall supercede any conflicting terms and conditions submitted on customer purchase orders or other forms submitted for work.

DENELE ANALYTICAL, INC.

865 S. KILROY
TURLOCK, CA 95380

PH# 209-634-9055 FAX# 209-634-9057

DAIRY COMPLIANCE

Client: Luis Dairy - Charleston
Mailing address:
(not facility address) Los Banos, CA
Phone#:

Authorized Copy Released To: F&R Ag
Sampled By: KRC
Project ID:

ANALYSIS TO BE COMPLETED:

IRRIGATION/GROUND WATER
- **H1** EC*, NO3-N, NH4-N*
- **H6** EC, TN, TDS
- **H7** Combination of H1 & H6
- **H14** EC, NO3-N, NH4-N, Ca, Mg, Na, Bicarb Carb, SO4, Cl, TDS

PROCESS WASTE WATER
- **H3** EC*, NH4-N, TKN, TP, K, TDS
- **H4** EC*, NO3-N, NH4-N, TKN, TP, K, TDS
- **H5** Ca, Mg, Na, Bicarb, Carb, SO4, Cl
- **H8** Combination of H3 &H5
- **H9** Combination of H4 &H5

TILE DRAIN
- **H2** EC*, NO3-N, TP, NH4-N*, TDS

** Required Field Measurement*

___ (Check here if performed)

DISCHARGE WATER
- **E1** EC*, Temp*, pH*, NO3-N, NH4-N, TKN, TP, K, TDS, Dissolved Oxygen*, BOD 5, TSS, Total & Fecal Coliforms
- **E2** EC,* Temp*, pH*, NO3-N, NH4-N*, Turbidity, TP, Dissolved Oxygen*, Total & Fecal Coliforms
- **E3** EC*, Temp*, pH*, NO3-N, NH4-N*, TP, Total & Fecal Coliforms
- **E4** EC*, Temp*, pH*, NO3-N, NH4-N*, Turbidity, TP, Total & Fecal Coliform

MANURE
- **M1** % Moisture
- **M3** TN TP, K, % Moisture
- **M4** Ca, Mg, Na, Bicarb, Carb, SO4, Cl, Ash
- **M7** Combination of M3 & M4

PLANT TISSUE
- **F18** % Moisture, Ash, TN, P, K, DM and as received
- **F18+** % Moisture, Ash, TN, P, K, DM and as received (Package also includes NIR DCAD)
- **F19+** % Moisture, TN (Package includes complete plant tissue analysis)

SOIL
- **K3** Soluble Phosphorus
- **K4** 1ft NO3, Organic Matter
- **K5** Pre-Plant (2ft NO3), Fall (1-2ft NO3), Fall (2-3ft NO3)
- **K6** 0-1ft EC, NO3, Soluble P, K, Organic Matter
- **K7** Combination of K3 & K4
- **K8** Combination of K3 & K5

	Date Collected	Time Collected	Sample ID	Description	Temp	Well Purge	H1	H3	M3	F18	OTHER
1	12/19/23	2:50pm	New Well	DW	8.6°c		X				
2		3:00pm	Big well	DW	8.6°c		X				
3		3:05pm	Old well	DW	8.0°c		X				
4											
5											
6											
7											
8											
9											
10											

Analysis

CHAIN OF CUSTODY RECORDING

	Signature	Company	Received Date & Time	Relinquished Date & Time	(LABORATORY USE ONLY) Logged in By:	LABORATORY NUMBER
1st	[signature]	F&R Ag		12/20/23 1:25pm		
2nd	[signature]	DENELE ANALYTICAL, INC.	12-20-23 1:25			T3354014

Required to be submitted to any agency? (YES / NO)

2023 Annual Report Brian Luis Final

Final Audit Report 2024-06-28

Created:	2024-06-19
By:	Joe Ramos (jramos@fragservices.com)
Status:	Signed
Transaction ID:	CBJCHBCAABAABgeSQB-FAc-uufXMGOQfkzjcvfqK7pz2

"2023 Annual Report Brian Luis Final" History

Document created by Joe Ramos (jramos@fragservices.com)
2024-06-19 - 8:52:59 PM GMT

Document emailed to bluis@startmail.com for signature
2024-06-19 - 9:00:36 PM GMT

Document emailed to Ross Filippini (dsf.ross@gmail.com) for signature
2024-06-19 - 9:00:37 PM GMT

Email viewed by Ross Filippini (dsf.ross@gmail.com)
2024-06-19 - 9:00:46 PM GMT

New document URL requested by Ross Filippini (dsf.ross@gmail.com)
2024-06-28 - 3:34:00 PM GMT

Email viewed by Ross Filippini (dsf.ross@gmail.com)
2024-06-28 - 3:34:09 PM GMT

Document e-signed by Ross Filippini (dsf.ross@gmail.com)
Signature Date: 2024-06-28 - 3:35:42 PM GMT - Time Source: server

Email viewed by bluis@startmail.com
2024-06-28 - 7:49:33 PM GMT

New document URL requested by bluis@startmail.com
2024-06-28 - 7:49:41 PM GMT

Signer bluis@startmail.com entered name at signing as Brian Luis
2024-06-28 - 7:51:30 PM GMT

Document e-signed by Brian Luis (bluis@startmail.com)
Signature Date: 2024-06-28 - 7:51:32 PM GMT - Time Source: server

Adobe Acrobat Sign

Agreement completed.

2024-06-28 - 7:51:32 PM GMT

Adobe Acrobat Sign