Annual Report - General Order No. R5-2007-0035
Reporting period 01/01/2023 to 12/31/2023.

DAIRY FACILITY INFORMATION

A. NAME OF DAIRY OR BUSINESS OPERATING THE DAIRY: John Baptista Facility

Physical address of dairy:

20755 W River RD	Stevinson	Merced	95374
Number and Street	City	County	Zip Code

Street and nearest cross street (if no address):

Date facility was originally placed in operation: 01/01/1940

Regional Water Quality Control Board Basin Plan designation: San Joaquin River Basin

County Assessor Parcel Number(s) for dairy facility:

X055-X090-X012-XXXX X055-X120-X019-XXXX

B. OPERATORS

Baptista, John

Operator name: Baptista, John

Telephone no.: (209) 573-0175 Landline (209) 402-2705 Cellular

4505 N McCullogh RD	Stevinson	CA	95374
Mailing Address Number and Street	City	State	Zip Code

This operator is responsible for paying permit fees.

C. OWNERS

Baptista, John

Legal owner name: Baptista, John

Telephone no.: (209) 573-0175 Landline (209) 402-2705 Cellular

4505 N McCullogh RD	Stevinson	CA	95374
Mailing Address Number and Street	City	State	Zip Code

This owner is responsible for paying permit fees.

AVAILABLE NUTRIENTS

A. HERD INFORMATION

	Milk Cows	Dry Cows	Bred Heifers (15-24 mo.)	Heifers (7-14 mo. to breeding)	Calves (4-6 mo.)	Calves (0-3 mo.)
Number open confinement	0	0	0	0	0	0
Number under roof	0	0	0	0	0	0
Maximum number	0	0	0	0	0	0
Average number	0	0	0	0	0	0
Avg live weight (lbs)	0	0	0	0		

Predominant milk cow breed: Holstein

Average milk production: 1 *pounds per cow per day*

B. MANURE GENERATED

Total manure excreted by the herd: 1.00 *tons per reporting period*

Total nitrogen from manure: 1.00 *lbs per reporting period*

After ammonia losses (30% loss applied): 0.70 *lbs per reporting period*

Total phosphorus from manure: 1.00 *lbs per reporting period*

Total potassium from manure: 1.00 *lbs per reporting period*

Total salt from manure: 0.00 *lbs per reporting period*

C. PROCESS WASTEWATER GENERATED

Process wastewater generated: _____ *gallons*

Total nitrogen generated: _____ *lbs*

Total phosphorus generated: _____ *lbs*

Total potassium generated: _____ *lbs*

Total salt generated: _____ *lbs*

	0	*gallons applied*
+	0	*gallons exported*
-	0	*gallons imported*
=	0	*gallons generated*

D. FRESH WATER SOURCES

Source Description	Type
Domestic Well - Well #1	Ground water
Domestic Well - Well #2	Ground water
Irrigation Water	Surface water

E. SUBSURFACE (TILE) DRAINAGE SOURCES

No subsurface (tile) drainage sources entered.

F. NUTRIENT IMPORTS

Date	Material type / Description	Quantity	Reporting basis	Moist. (%)	N (mg/kg)	P (mg/kg)	K (mg/kg)	Salt (mg/kg)	TFS (%)
05/06/2023	Corral solids *Solid Manure - Import BCC*	1,100.00 *ton*	Dry-weight	15.6	30,500.00	9,800.00	25,900.00		0.00
10/30/2023	Corral solids *Solid Manure - Import BCC*	670.00 *ton*	Dry-weight	15.6	30,500.00	9,800.00	25,900.00		0.00

No process wastewater nutrient imports entered.

No commercial or other nutrient imports entered.

Material type	Total N (lbs)	Total P (lbs)	Total K (lbs)	Total salt (lbs)
Commercial fertilizer / Other	0.00	0.00	0.00	0.00
Dry manure	91,126.68	29,280.05	77,382.98	0.00
Process wastewater	0.00	0.00	0.00	0.00
Total imports for all materials	91,126.68	29,280.05	77,382.98	0.00

G. NUTRIENT EXPORTS

No solid nutrient exports entered.

No liquid nutrient exports entered.

APPLICATION AREA

A. LIST OF LAND APPLICATION AREAS

Field name	Controlled acres	Cropable acres	Total harvests	Type of waste applied	Parcel number
Almonds	47	47	0	none	X055-X090-X024-XXXX
Gallo	75	75	2	manure	X055-X090-X004-XXXX X055-X120-X019-XXXX
Lower (South) Dairy	75	75	2	manure	X055-X120-X019-XXXX X055-X120-X022-XXXX
Pollards	33	33	0	none	X055-X009-X027-XXXX
River Bottom	30	30	2	manure	X055-X090-X024-XXXX
The 98 Acres	98	98	0	none	X055-X090-X024-XXXX
Upper (North) Dairy	86	86	0	none	X055-X090-X009-XXXX X055-X090-X012-XXXX
Totals for areas that were used for application	180	180	6		
Totals for areas that were not used for application	264	264	0		
Land application area totals	444	444	6		

B. CROPS AND HARVESTS

Gallo

Field name: Gallo

11/28/2022: Oats, silage-soft dough

Crop: Oats, silage-soft dough Acres planted: 75 Plant date: 11/28/2022

Harvest date	Yield	Reporting basis	Density (lbs/cu ft)	Moisture (%)	N (mg/kg)	P (mg/kg)	K (mg/kg)	Salt (mg/kg)	TFS (%)
04/25/2023	919.80 *ton*	Dry-weight		69.3	19,700.00	4,200.00	30,000.00		12.30

	Yield (tons/acre)	Total N (lbs/acre)	Total P (lbs/acre)	Total K (lbs/acre)	Salt (lbs/acre)
Anticipated harvest content	16.00	160.00	25.60	132.80	0.00
Total actual harvest content	12.26	148.34	31.63	225.90	926.20

Gallo

05/26/2023: Corn, silage

Crop: Corn, silage Acres planted: 75 Plant date: 05/26/2023

Harvest date	Yield	Reporting basis	Density (lbs/cu ft)	Moisture (%)	N (mg/kg)	P (mg/kg)	K (mg/kg)	Salt (mg/kg)	TFS (%)
09/11/2023	2,120.30 *ton*	Dry-weight		56.8	9,900.00	2,000.00	6,300.00		4.60

	Yield (tons/acre)	Total N (lbs/acre)	Total P (lbs/acre)	Total K (lbs/acre)	Salt (lbs/acre)
Anticipated harvest content	30.00	240.00	45.00	198.00	0.00
Total actual harvest content	28.27	241.82	48.85	153.88	1,123.59

Lower (South) Dairy

Field name: Lower (South) Dairy

11/28/2022: Oats, silage-soft dough

Crop: Oats, silage-soft dough Acres planted: 75 Plant date: 11/28/2022

Harvest date	Yield	Reporting basis	Density (lbs/cu ft)	Moisture (%)	N (mg/kg)	P (mg/kg)	K (mg/kg)	Salt (mg/kg)	TFS (%)
04/25/2023	972.60 *ton*	Dry-weight		71.9	20,100.00	3,900.00	27,900.00		12.20

	Yield (tons/acre)	Total N (lbs/acre)	Total P (lbs/acre)	Total K (lbs/acre)	Salt (lbs/acre)
Anticipated harvest content	16.00	160.00	25.60	132.80	0.00
Total actual harvest content	12.97	146.49	28.42	203.34	889.14

05/26/2023: Corn, silage

Crop: Corn, silage Acres planted: 75 Plant date: 05/26/2023

Harvest date	Yield	Reporting basis	Density (lbs/cu ft)	Moisture (%)	N (mg/kg)	P (mg/kg)	K (mg/kg)	Salt (mg/kg)	TFS (%)
09/11/2023	2,159.60 *ton*	Dry-weight		60.4	10,700.00	2,000.00	6,400.00		4.10

	Yield (tons/acre)	Total N (lbs/acre)	Total P (lbs/acre)	Total K (lbs/acre)	Salt (lbs/acre)
Anticipated harvest content	30.00	240.00	45.00	198.00	0.00
Total actual harvest content	28.79	244.02	45.61	145.95	935.02

River Bottom

Field name: River Bottom

11/28/2022: Oats, silage-soft dough

Crop: Oats, silage-soft dough Acres planted: 30 Plant date: 11/28/2022

Harvest date	Yield	Reporting basis	Density (lbs/cu ft)	Moisture (%)	N (mg/kg)	P (mg/kg)	K (mg/kg)	Salt (mg/kg)	TFS (%)
04/25/2023	415.90 *ton*	Dry-weight		71.1	17,900.00	3,300.00	20,100.00		9.80

	Yield (tons/acre)	Total N (lbs/acre)	Total P (lbs/acre)	Total K (lbs/acre)	Salt (lbs/acre)
Anticipated harvest content	16.00	160.00	25.60	132.80	0.00
Total actual harvest content	13.86	143.43	26.44	161.06	785.27

05/26/2023: Corn, silage

Crop: Corn, silage Acres planted: 30 Plant date: 05/26/2023

Harvest date	Yield	Reporting basis	Density (lbs/cu ft)	Moisture (%)	N (mg/kg)	P (mg/kg)	K (mg/kg)	Salt (mg/kg)	TFS (%)
09/11/2023	798.30 *ton*	Dry-weight		59.4	9,900.00	2,200.00	6,500.00		3.90

	Yield (tons/acre)	Total N (lbs/acre)	Total P (lbs/acre)	Total K (lbs/acre)	Salt (lbs/acre)
Anticipated harvest content	30.00	240.00	45.00	198.00	0.00
Total actual harvest content	26.61	213.91	47.54	140.45	842.69

NUTRIENT BUDGET

A. LAND APPLICATIONS

Gallo - 11/28/2022: Oats, silage-soft dough

Field name: Gallo

Crop: Oats, silage-soft dough — Plant date: 11/28/2022

Application date	Application method	Precipitation 24 hours prior	Precipitation during application	Precipitation 24 hours following
02/27/2023	Surface (irrigation)	No precipitation	No precipitation	No precipitation

Source description	Material type	N (lbs/acre)	P (lbs/acre)	K (lbs/acre)	Salt (lbs/acre)	Amount
Irrigation Water	Surface water	0.13	0.00	0.00	35.27	11,320,000.00 *gal*
Application event totals		0.13	0.00	0.00	35.27	

Application date	Application method	Precipitation 24 hours prior	Precipitation during application	Precipitation 24 hours following
04/06/2023	Surface (irrigation)	No precipitation	No precipitation	No precipitation

Source description	Material type	N (lbs/acre)	P (lbs/acre)	K (lbs/acre)	Salt (lbs/acre)	Amount
Irrigation Water	Surface water	0.13	0.00	0.00	35.14	11,280,000.00 *gal*
Application event totals		0.13	0.00	0.00	35.14	

Application date	Application method	Precipitation 24 hours prior	Precipitation during application	Precipitation 24 hours following
10/30/2023	Broadcast/incorporate	No precipitation	No precipitation	No precipitation

Source description	Material type	N (lbs/acre)	P (lbs/acre)	K (lbs/acre)	Salt (lbs/acre)	Amount
Solid Manure - Import BCC	Corral solids	192.21	61.76	163.22	0.00	280.00 *ton*
Application event totals		192.21	61.76	163.22	0.00	

Gallo - 05/26/2023: Corn, silage

Field name: Gallo

Crop: Corn, silage — Plant date: 05/26/2023

Application date	Application method	Precipitation 24 hours prior	Precipitation during application	Precipitation 24 hours following
05/06/2023	Broadcast/incorporate	No precipitation	No precipitation	No precipitation

Source description	Material type	N (lbs/acre)	P (lbs/acre)	K (lbs/acre)	Salt (lbs/acre)	Amount
Solid Manure - Import BCC	Corral solids	315.77	101.46	268.14	0.00	460.00 *ton*
Application event totals		315.77	101.46	268.14	0.00	

Gallo - 05/26/2023: Corn, silage

Application date	Application method	Precipitation 24 hours prior	Precipitation during application	Precipitation 24 hours following
05/15/2023	Surface (irrigation)	No precipitation	No precipitation	No precipitation

Source description	Material type	N (lbs/acre)	P (lbs/acre)	K (lbs/acre)	Salt (lbs/acre)	Amount
Irrigation Water	Surface water	0.12	0.00	0.00	34.89	11,200,000.00 *gal*
Application event totals		0.12	0.00	0.00	34.89	

Application date	Application method	Precipitation 24 hours prior	Precipitation during application	Precipitation 24 hours following
06/25/2023	Surface (irrigation)	No precipitation	No precipitation	No precipitation

Source description	Material type	N (lbs/acre)	P (lbs/acre)	K (lbs/acre)	Salt (lbs/acre)	Amount
Irrigation Water	Surface water	0.13	0.00	0.00	35.45	11,380,000.00 *gal*
Application event totals		0.13	0.00	0.00	35.45	

Application date	Application method	Precipitation 24 hours prior	Precipitation during application	Precipitation 24 hours following
07/08/2023	Surface (irrigation)	No precipitation	No precipitation	No precipitation

Source description	Material type	N (lbs/acre)	P (lbs/acre)	K (lbs/acre)	Salt (lbs/acre)	Amount
Irrigation Water	Surface water	0.13	0.00	0.00	35.33	11,340,000.00 *gal*
Application event totals		0.13	0.00	0.00	35.33	

Application date	Application method	Precipitation 24 hours prior	Precipitation during application	Precipitation 24 hours following
07/21/2023	Surface (irrigation)	No precipitation	No precipitation	No precipitation

Source description	Material type	N (lbs/acre)	P (lbs/acre)	K (lbs/acre)	Salt (lbs/acre)	Amount
Irrigation Water	Surface water	0.13	0.00	0.00	35.39	11,360,000.00 *gal*
Application event totals		0.13	0.00	0.00	35.39	

Application date	Application method	Precipitation 24 hours prior	Precipitation during application	Precipitation 24 hours following
08/02/2023	Surface (irrigation)	No precipitation	No precipitation	No precipitation

Source description	Material type	N (lbs/acre)	P (lbs/acre)	K (lbs/acre)	Salt (lbs/acre)	Amount
Irrigation Water	Surface water	0.13	0.00	0.00	35.83	11,500,000.00 *gal*
Application event totals		0.13	0.00	0.00	35.83	

Application date	Application method	Precipitation 24 hours prior	Precipitation during application	Precipitation 24 hours following
08/15/2023	Surface (irrigation)	No precipitation	No precipitation	No precipitation

Source description	Material type	N (lbs/acre)	P (lbs/acre)	K (lbs/acre)	Salt (lbs/acre)	Amount
Irrigation Water	Surface water	0.13	0.00	0.00	35.70	11,460,000.00 *gal*
Application event totals		0.13	0.00	0.00	35.70	

Gallo - 05/26/2023: Corn, silage

Application date	Application method	Precipitation 24 hours prior	Precipitation during application	Precipitation 24 hours following
08/27/2023	Surface (irrigation)	No precipitation	No precipitation	No precipitation

Source description	Material type	N (lbs/acre)	P (lbs/acre)	K (lbs/acre)	Salt (lbs/acre)	Amount
Irrigation Water	Surface water	0.13	0.00	0.00	35.58	11,420,000.00 *gal*
Application event totals		0.13	0.00	0.00	35.58	

Lower (South) Dairy - 11/28/2022: Oats, silage-soft dough

Field name: Lower (South) Dairy

Crop: Oats, silage-soft dough

Plant date: 11/28/2022

Application date	Application method	Precipitation 24 hours prior	Precipitation during application	Precipitation 24 hours following
02/26/2023	Surface (irrigation)	No precipitation	No precipitation	No precipitation

Source description	Material type	N (lbs/acre)	P (lbs/acre)	K (lbs/acre)	Salt (lbs/acre)	Amount
Irrigation Water	Surface water	0.13	0.00	0.00	36.08	11,580,000.00 *gal*
Application event totals		0.13	0.00	0.00	36.08	

Application date	Application method	Precipitation 24 hours prior	Precipitation during application	Precipitation 24 hours following
04/05/2023	Surface (irrigation)	No precipitation	No precipitation	No precipitation

Source description	Material type	N (lbs/acre)	P (lbs/acre)	K (lbs/acre)	Salt (lbs/acre)	Amount
Irrigation Water	Surface water	0.13	0.00	0.00	36.14	11,600,000.00 *gal*
Application event totals		0.13	0.00	0.00	36.14	

Application date	Application method	Precipitation 24 hours prior	Precipitation during application	Precipitation 24 hours following
10/30/2023	Broadcast/incorporate	No precipitation	No precipitation	No precipitation

Source description	Material type	N (lbs/acre)	P (lbs/acre)	K (lbs/acre)	Salt (lbs/acre)	Amount
Solid Manure - Import BCC	Corral solids	192.21	61.76	163.22	0.00	280.00 *ton*
Application event totals		192.21	61.76	163.22	0.00	

Lower (South) Dairy - 05/26/2023: Corn, silage

Field name: Lower (South) Dairy

Crop: Corn, silage

Plant date: 05/26/2023

Lower (South) Dairy - 05/26/2023: Corn, silage

Application date	Application method	Precipitation 24 hours prior	Precipitation during application	Precipitation 24 hours following
05/06/2023	Broadcast/incorporate	No precipitation	No precipitation	No precipitation

Source description	Material type	N (lbs/acre)	P (lbs/acre)	K (lbs/acre)	Salt (lbs/acre)	Amount
Solid Manure - Import BCC	Corral solids	322.63	103.67	273.97	0.00	470.00 *ton*
Application event totals		322.63	103.67	273.97	0.00	

Application date	Application method	Precipitation 24 hours prior	Precipitation during application	Precipitation 24 hours following
05/14/2023	Surface (irrigation)	No precipitation	No precipitation	No precipitation

Source description	Material type	N (lbs/acre)	P (lbs/acre)	K (lbs/acre)	Salt (lbs/acre)	Amount
Irrigation Water	Surface water	0.13	0.00	0.00	36.39	11,680,000.00 *gal*
Application event totals		0.13	0.00	0.00	36.39	

Application date	Application method	Precipitation 24 hours prior	Precipitation during application	Precipitation 24 hours following
06/24/2023	Surface (irrigation)	No precipitation	No precipitation	No precipitation

Source description	Material type	N (lbs/acre)	P (lbs/acre)	K (lbs/acre)	Salt (lbs/acre)	Amount
Irrigation Water	Surface water	0.13	0.00	0.00	36.33	11,660,000.00 *gal*
Application event totals		0.13	0.00	0.00	36.33	

Application date	Application method	Precipitation 24 hours prior	Precipitation during application	Precipitation 24 hours following
07/07/2023	Surface (irrigation)	No precipitation	No precipitation	No precipitation

Source description	Material type	N (lbs/acre)	P (lbs/acre)	K (lbs/acre)	Salt (lbs/acre)	Amount
Irrigation Water	Surface water	0.13	0.00	0.00	36.26	11,640,000.00 *gal*
Application event totals		0.13	0.00	0.00	36.26	

Application date	Application method	Precipitation 24 hours prior	Precipitation during application	Precipitation 24 hours following
07/20/2023	Surface (irrigation)	No precipitation	No precipitation	No precipitation

Source description	Material type	N (lbs/acre)	P (lbs/acre)	K (lbs/acre)	Salt (lbs/acre)	Amount
Irrigation Water	Surface water	0.13	0.00	0.00	36.20	11,620,000.00 *gal*
Application event totals		0.13	0.00	0.00	36.20	

Application date	Application method	Precipitation 24 hours prior	Precipitation during application	Precipitation 24 hours following
08/01/2023	Surface (irrigation)	No precipitation	No precipitation	No precipitation

Source description	Material type	N (lbs/acre)	P (lbs/acre)	K (lbs/acre)	Salt (lbs/acre)	Amount
Irrigation Water	Surface water	0.13	0.00	0.00	36.08	11,580,000.00 *gal*
Application event totals		0.13	0.00	0.00	36.08	

Lower (South) Dairy - 05/26/2023: Corn, silage

Application date	Application method	Precipitation 24 hours prior	Precipitation during application	Precipitation 24 hours following
08/14/2023	Surface (irrigation)	No precipitation	No precipitation	No precipitation

Source description	Material type	N (lbs/acre)	P (lbs/acre)	K (lbs/acre)	Salt (lbs/acre)	Amount
Irrigation Water	Surface water	0.13	0.00	0.00	36.26	11,640,000.00 *gal*
Application event totals		0.13	0.00	0.00	36.26	

08/26/2023	Surface (irrigation)	No precipitation	No precipitation	No precipitation

Source description	Material type	N (lbs/acre)	P (lbs/acre)	K (lbs/acre)	Salt (lbs/acre)	Amount
Irrigation Water	Surface water	0.13	0.00	0.00	36.14	11,600,000.00 *gal*
Application event totals		0.13	0.00	0.00	36.14	

River Bottom - 11/28/2022: Oats, silage-soft dough

Field name: River Bottom

Crop: Oats, silage-soft dough

Plant date: 11/28/2022

Application date	Application method	Precipitation 24 hours prior	Precipitation during application	Precipitation 24 hours following
02/27/2023	Surface (irrigation)	No precipitation	No precipitation	No precipitation

Source description	Material type	N (lbs/acre)	P (lbs/acre)	K (lbs/acre)	Salt (lbs/acre)	Amount
Irrigation Water	Surface water	0.13	0.00	0.00	37.23	4,780,000.00 *gal*
Application event totals		0.13	0.00	0.00	37.23	

04/06/2023	Surface (irrigation)	No precipitation	No precipitation	No precipitation

Source description	Material type	N (lbs/acre)	P (lbs/acre)	K (lbs/acre)	Salt (lbs/acre)	Amount
Irrigation Water	Surface water	0.13	0.00	0.00	37.39	4,800,000.00 *gal*
Application event totals		0.13	0.00	0.00	37.39	

10/30/2023	Broadcast/incorporate	No precipitation	No precipitation	No precipitation

Source description	Material type	N (lbs/acre)	P (lbs/acre)	K (lbs/acre)	Salt (lbs/acre)	Amount
Solid Manure - Import BCC	Corral solids	188.77	60.66	160.30	0.00	110.00 *ton*
Application event totals		188.77	60.66	160.30	0.00	

River Bottom - 05/26/2023: Corn, silage

Field name: River Bottom

Crop: Corn, silage

Plant date: 05/26/2023

Application date	Application method	Precipitation 24 hours prior	Precipitation during application	Precipitation 24 hours following
05/06/2023	Broadcast/incorporate	No precipitation	No precipitation	No precipitation

Source description	Material type	N (lbs/acre)	P (lbs/acre)	K (lbs/acre)	Salt (lbs/acre)	Amount
Solid Manure - Import BCC	Corral solids	291.74	93.74	247.74	0.00	170.00 *ton*
Application event totals		291.74	93.74	247.74	0.00	

Application date	Application method	Precipitation 24 hours prior	Precipitation during application	Precipitation 24 hours following
05/15/2023	Surface (irrigation)	No precipitation	No precipitation	No precipitation

Source description	Material type	N (lbs/acre)	P (lbs/acre)	K (lbs/acre)	Salt (lbs/acre)	Amount
Irrigation Water	Surface water	0.14	0.00	0.00	38.01	4,880,000.00 *gal*
Application event totals		0.14	0.00	0.00	38.01	

Application date	Application method	Precipitation 24 hours prior	Precipitation during application	Precipitation 24 hours following
06/25/2023	Surface (irrigation)	No precipitation	No precipitation	No precipitation

Source description	Material type	N (lbs/acre)	P (lbs/acre)	K (lbs/acre)	Salt (lbs/acre)	Amount
Irrigation Water	Surface water	0.13	0.00	0.00	36.61	4,700,000.00 *gal*
Application event totals		0.13	0.00	0.00	36.61	

Application date	Application method	Precipitation 24 hours prior	Precipitation during application	Precipitation 24 hours following
07/08/2023	Surface (irrigation)	No precipitation	No precipitation	No precipitation

Source description	Material type	N (lbs/acre)	P (lbs/acre)	K (lbs/acre)	Salt (lbs/acre)	Amount
Irrigation Water	Surface water	0.14	0.00	0.00	37.85	4,860,000.00 *gal*
Application event totals		0.14	0.00	0.00	37.85	

Application date	Application method	Precipitation 24 hours prior	Precipitation during application	Precipitation 24 hours following
07/21/2023	Surface (irrigation)	No precipitation	No precipitation	No precipitation

Source description	Material type	N (lbs/acre)	P (lbs/acre)	K (lbs/acre)	Salt (lbs/acre)	Amount
Irrigation Water	Surface water	0.14	0.00	0.00	37.85	4,860,000.00 *gal*
Application event totals		0.14	0.00	0.00	37.85	

Application date	Application method	Precipitation 24 hours prior	Precipitation during application	Precipitation 24 hours following
08/02/2023	Surface (irrigation)	No precipitation	No precipitation	No precipitation

Source description	Material type	N (lbs/acre)	P (lbs/acre)	K (lbs/acre)	Salt (lbs/acre)	Amount
Irrigation Water	Surface water	0.13	0.00	0.00	37.54	4,820,000.00 *gal*
Application event totals		0.13	0.00	0.00	37.54	

River Bottom - 05/26/2023: Corn, silage

Application date	Application method	Precipitation 24 hours prior	Precipitation during application	Precipitation 24 hours following
08/15/2023	Surface (irrigation)	No precipitation	No precipitation	No precipitation

Source description	Material type	N (lbs/acre)	P (lbs/acre)	K (lbs/acre)	Salt (lbs/acre)	Amount
Irrigation Water	Surface water	0.13	0.00	0.00	37.70	4,840,000.00 *gal*
Application event totals		0.13	0.00	0.00	37.70	

08/27/2023	Surface (irrigation)	No precipitation	No precipitation	No precipitation

Source description	Material type	N (lbs/acre)	P (lbs/acre)	K (lbs/acre)	Salt (lbs/acre)	Amount
Irrigation Water	Surface water	0.13	0.00	0.00	37.70	4,840,000.00 *gal*
Application event totals		0.13	0.00	0.00	37.70	

B. NUTRIENT BUDGET

Gallo - 11/28/2022: Oats, silage-soft dough

Field name: Gallo Crop: Oats, silage-soft dough Plant date: 11/28/2022

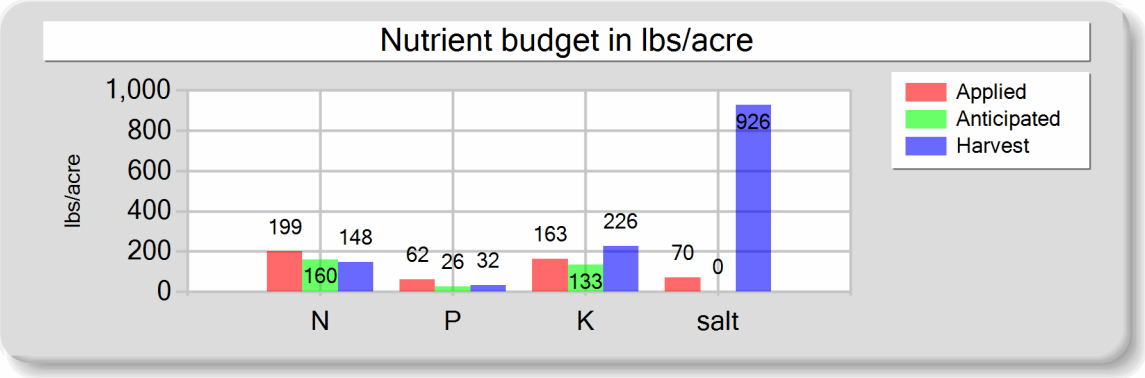

	Total N (lbs/acre)	Total P (lbs/acre)	Total K (lbs/acre)	Total salt (lbs/acre)
Existing soil nutrient content	0.00	0.00	0.00	0.00
Plowdown credit	0.00	0.00	0.00	0.00
Commercial fertilizer / Other	0.00	0.00	0.00	0.00
Dry manure	192.21	61.76	163.22	0.00
Process wastewater	0.00	0.00	0.00	0.00
Fresh water	0.25	0.00	0.00	70.41
Atmospheric deposition	7.00	0.00	0.00	0.00
Total nutrients applied	199.46	61.76	163.22	70.41
Anticipated crop nutrient removal	160.00	25.60	132.80	0.00
Actual crop nutrient removal	148.34	31.63	225.90	926.20
Nutrient balance	51.12	30.13	-62.68	-855.79
Applied to removed ratio	1.34	1.95	0.72	0.08

Fresh water applied	
22,600,000.00	*gallons*
832.28	*acre-inches*
11.10	*inches/acre*

Process wastewater applied	
0.00	*gallons*
0.00	*acre-inches*
0.00	*inches/acre*

Total harvests for the crop	
1	*harvests*

Gallo - 05/26/2023: Corn, silage

Field name: Gallo | Crop: Corn, silage | Plant date: 05/26/2023

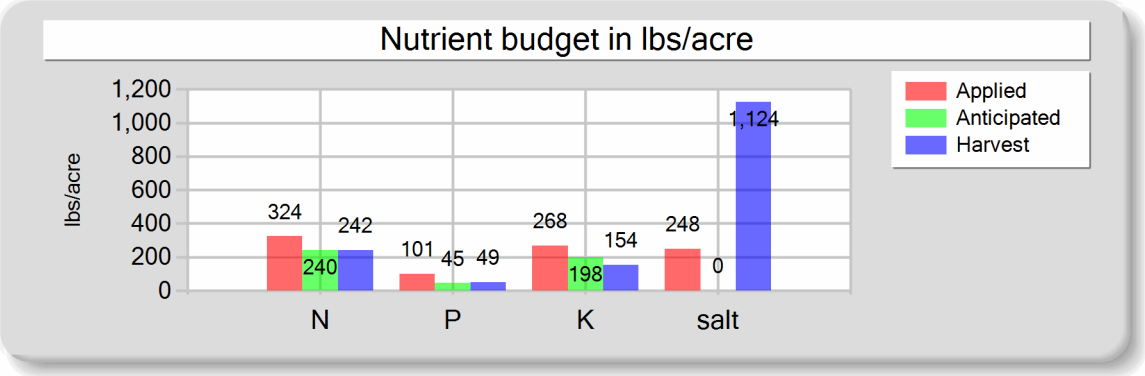

	Total N (lbs/acre)	Total P (lbs/acre)	Total K (lbs/acre)	Total salt (lbs/acre)
Existing soil nutrient content	0.00	0.00	0.00	0.00
Plowdown credit	0.00	0.00	0.00	0.00
Commercial fertilizer / Other	0.00	0.00	0.00	0.00
Dry manure	315.77	101.46	268.14	0.00
Process wastewater	0.00	0.00	0.00	0.00
Fresh water	0.89	0.00	0.00	248.18
Atmospheric deposition	7.00	0.00	0.00	0.00
Total nutrients applied	323.65	101.46	268.14	248.18
Anticipated crop nutrient removal	240.00	45.00	198.00	0.00
Actual crop nutrient removal	241.82	48.85	153.88	1,123.59
Nutrient balance	81.84	52.61	114.26	-875.41
Applied to removed ratio	1.34	2.08	1.74	0.22

Fresh water applied	
79,660,000.00	*gallons*
2,933.61	*acre-inches*
39.11	*inches/acre*

Process wastewater applied	
0.00	*gallons*
0.00	*acre-inches*
0.00	*inches/acre*

Total harvests for the crop	
1	*harvests*

Lower (South) Dairy - 11/28/2022: Oats, silage-soft dough

Field name: Lower (South) Dairy Crop: Oats, silage-soft dough Plant date: 11/28/2022

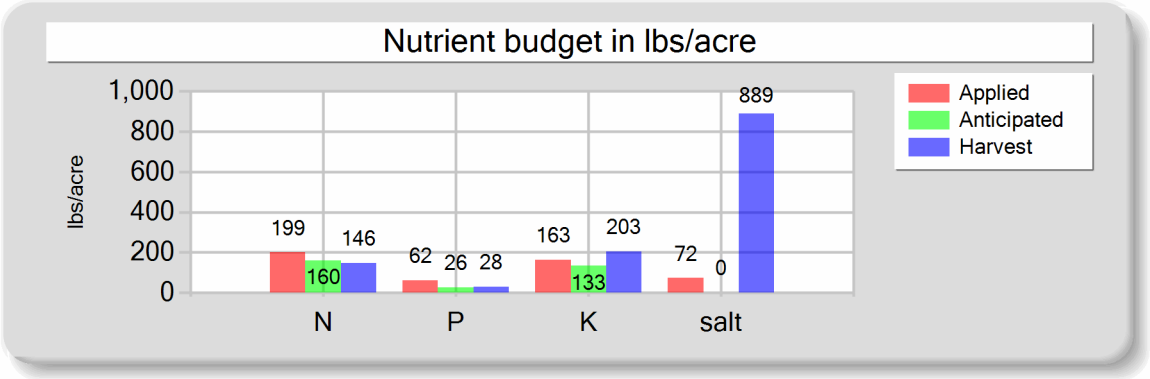

	Total N (lbs/acre)	Total P (lbs/acre)	Total K (lbs/acre)	Total salt (lbs/acre)
Existing soil nutrient content	0.00	0.00	0.00	0.00
Plowdown credit	0.00	0.00	0.00	0.00
Commercial fertilizer / Other	0.00	0.00	0.00	0.00
Dry manure	192.21	61.76	163.22	0.00
Process wastewater	0.00	0.00	0.00	0.00
Fresh water	0.26	0.00	0.00	72.22
Atmospheric deposition	7.00	0.00	0.00	0.00
Total nutrients applied	199.46	61.76	163.22	72.22
Anticipated crop nutrient removal	160.00	25.60	132.80	0.00
Actual crop nutrient removal	146.49	28.42	203.34	889.14
Nutrient balance	52.98	33.34	-40.12	-816.92
Applied to removed ratio	1.36	2.17	0.80	0.08

Fresh water applied	
23,180,000.00	*gallons*
853.64	*acre-inches*
11.38	*inches/acre*

Process wastewater applied	
0.00	*gallons*
0.00	*acre-inches*
0.00	*inches/acre*

Total harvests for the crop	
1	*harvests*

Lower (South) Dairy - 05/26/2023: Corn, silage

Field name: Lower (South) Dairy Crop: Corn, silage Plant date: 05/26/2023

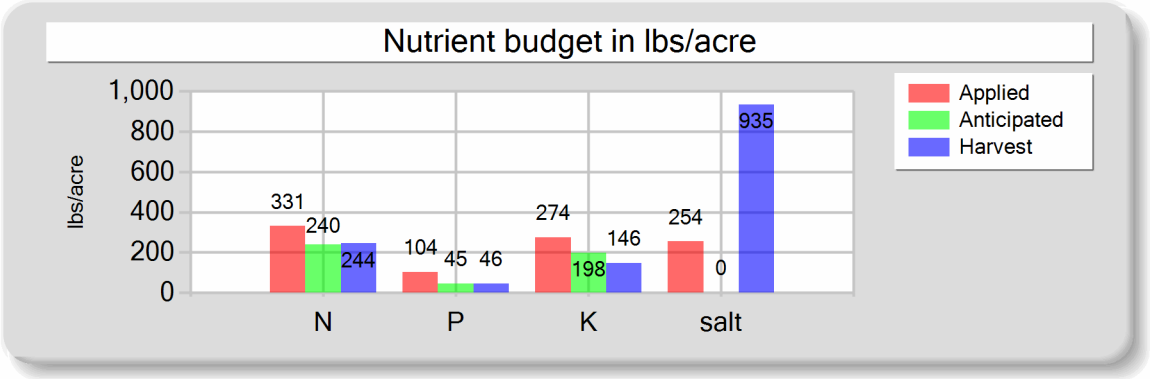

	Total N (lbs/acre)	Total P (lbs/acre)	Total K (lbs/acre)	Total salt (lbs/acre)
Existing soil nutrient content	0.00	0.00	0.00	0.00
Plowdown credit	0.00	0.00	0.00	0.00
Commercial fertilizer / Other	0.00	0.00	0.00	0.00
Dry manure	322.63	103.67	273.97	0.00
Process wastewater	0.00	0.00	0.00	0.00
Fresh water	0.91	0.00	0.00	253.66
Atmospheric deposition	7.00	0.00	0.00	0.00
Total nutrients applied	330.54	103.67	273.97	253.66
Anticipated crop nutrient removal	240.00	45.00	198.00	0.00
Actual crop nutrient removal	244.02	45.61	145.95	935.02
Nutrient balance	86.52	58.05	128.02	-681.36
Applied to removed ratio	1.35	2.27	1.88	0.27

Fresh water applied	
81,420,000.00	*gallons*
2,998.42	*acre-inches*
39.98	*inches/acre*

Process wastewater applied	
0.00	*gallons*
0.00	*acre-inches*
0.00	*inches/acre*

Total harvests for the crop	
1	*harvests*

River Bottom - 11/28/2022: Oats, silage-soft dough

Field name: River Bottom Crop: Oats, silage-soft dough Plant date: 11/28/2022

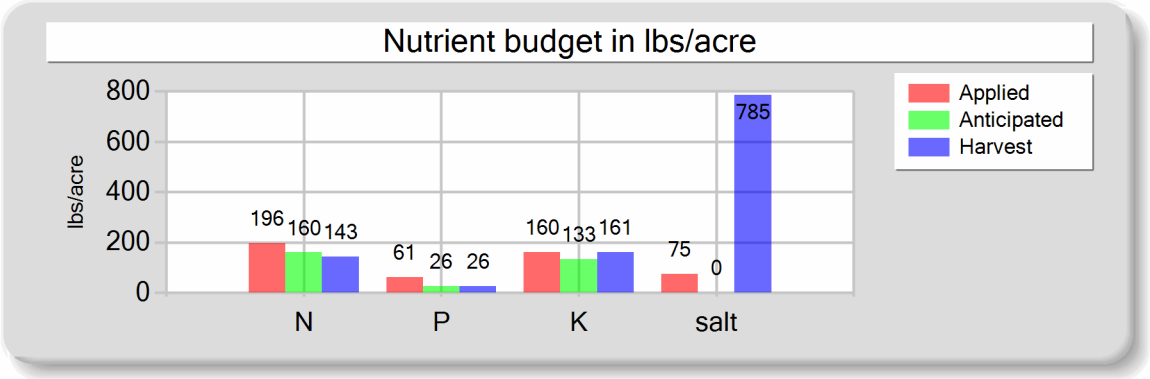

	Total N (lbs/acre)	Total P (lbs/acre)	Total K (lbs/acre)	Total salt (lbs/acre)
Existing soil nutrient content	0.00	0.00	0.00	0.00
Plowdown credit	0.00	0.00	0.00	0.00
Commercial fertilizer / Other	0.00	0.00	0.00	0.00
Dry manure	188.77	60.66	160.30	0.00
Process wastewater	0.00	0.00	0.00	0.00
Fresh water	0.27	0.00	0.00	74.62
Atmospheric deposition	7.00	0.00	0.00	0.00
Total nutrients applied	196.04	60.66	160.30	74.62
Anticipated crop nutrient removal	160.00	25.60	132.80	0.00
Actual crop nutrient removal	143.43	26.44	161.06	785.27
Nutrient balance	52.61	34.21	-0.76	-710.66
Applied to removed ratio	1.37	2.29	1.00	0.10

Fresh water applied	
9,580,000.00	*gallons*
352.80	*acre-inches*
11.76	*inches/acre*

Process wastewater applied	
0.00	*gallons*
0.00	*acre-inches*
0.00	*inches/acre*

Total harvests for the crop	
1	*harvests*

River Bottom - 05/26/2023: Corn, silage

Field name: River Bottom Crop: Corn, silage Plant date: 05/26/2023

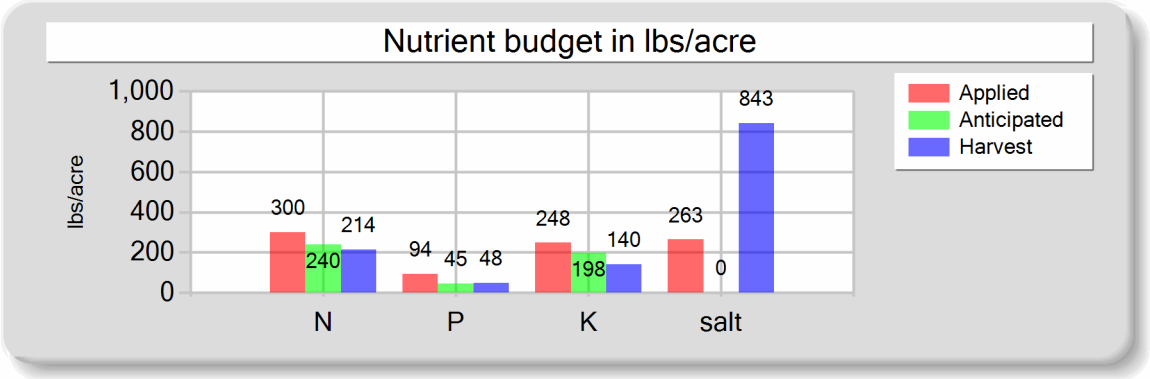

	Total N (lbs/acre)	Total P (lbs/acre)	Total K (lbs/acre)	Total salt (lbs/acre)
Existing soil nutrient content	0.00	0.00	0.00	0.00
Plowdown credit	0.00	0.00	0.00	0.00
Commercial fertilizer / Other	0.00	0.00	0.00	0.00
Dry manure	291.74	93.74	247.74	0.00
Process wastewater	0.00	0.00	0.00	0.00
Fresh water	0.94	0.00	0.00	263.26
Atmospheric deposition	7.00	0.00	0.00	0.00
Total nutrients applied	299.68	93.74	247.74	263.26
Anticipated crop nutrient removal	240.00	45.00	198.00	0.00
Actual crop nutrient removal	213.91	47.54	140.45	842.69
Nutrient balance	85.77	46.20	107.29	-579.43
Applied to removed ratio	1.40	1.97	1.76	0.31

Fresh water applied	
33,800,000.00	*gallons*
1,244.74	*acre-inches*
41.49	*inches/acre*

Process wastewater applied	
0.00	*gallons*
0.00	*acre-inches*
0.00	*inches/acre*

Total harvests for the crop	
1	*harvests*

NUTRIENT ANALYSES

A. MANURE ANALYSES

BCC - Import

Sample and source description: BCC - Import
Sample date: 05/17/2023 Material type: Corral solids Source of analysis: Lab analysis Method of reporting: Dry-weight
Moisture: 27.5 %

	Total N (mg/kg)	Total P (mg/kg)	Total K (mg/kg)	Calcium (mg/kg)	Magnesium (mg/kg)	Sodium (mg/kg)	Sulfur (mg/kg)	Chloride (mg/kg)	Total salt (mg/kg)	TFS (%)
Value	26,800.00	8,300.00	34,900.00							0.00
DL	100.00	100.00	100.00							1.00

BCC - Import

Sample and source description: BCC - Import
Sample date: 11/01/2023 Material type: Corral solids Source of analysis: Lab analysis Method of reporting: Dry-weight
Moisture: 15.6 %

	Total N (mg/kg)	Total P (mg/kg)	Total K (mg/kg)	Calcium (mg/kg)	Magnesium (mg/kg)	Sodium (mg/kg)	Sulfur (mg/kg)	Chloride (mg/kg)	Total salt (mg/kg)	TFS (%)
Value	30,500.00	9,800.00	25,900.00							0.00
DL	100.00	100.00	100.00							1.00

B. PROCESS WASTEWATER ANALYSES

No process wastewater analyses entered.

C. FRESH WATER ANALYSES

Domestic Well - Well #1

Domestic Well - Well #1

Well #1

Sample description: Well #1

Sample date: 11/27/2023 Source of analysis: Lab analysis

	Total N (mg/L)	NH4-N (mg/L)	Nitrate-N (mg/L)	Calcium (mg/L)	Magnesium (mg/L)	Sodium (mg/L)	Bicarbonate (mg/L)	Carbonate (mg/L)	Sulfate (mg/L)	Chloride (mg/L)	EC (µmhos/cm)	TDS (mg/L)
Value	0.30	0.00	0.30								1,850.00	0
DL	0.10	0.10	0.10								10.00	10

Domestic Well - Well #2

Well #2

Sample description: Well #2

Sample date: 11/27/2023 Source of analysis: Lab analysis

	Total N (mg/L)	NH4-N (mg/L)	Nitrate-N (mg/L)	Calcium (mg/L)	Magnesium (mg/L)	Sodium (mg/L)	Bicarbonate (mg/L)	Carbonate (mg/L)	Sulfate (mg/L)	Chloride (mg/L)	EC (µmhos/cm)	TDS (mg/L)
Value	0.30	0.00	0.30								1,850.00	0
DL	0.10	1.00	0.10								10.00	10

Irrigation Water

Irrigation Water

Sample description: Irrigation Water

Sample date: 07/26/2023 Source of analysis: Lab analysis

	Total N (mg/L)	NH4-N (mg/L)	Nitrate-N (mg/L)	Calcium (mg/L)	Magnesium (mg/L)	Sodium (mg/L)	Bicarbonate (mg/L)	Carbonate (mg/L)	Sulfate (mg/L)	Chloride (mg/L)	EC (µmhos/cm)	TDS (mg/L)
Value	0.10	0.00	0.10								34.80	28
DL	0.10	1.00	0.10								10.00	10

D. SOIL ANALYSES

Gallo

Gallo

Sample and source description: Gallo

Sample date: 10/23/2023 Source of analysis: Lab analysis

	Nitrate-N (mg/kg)	Total P (mg/kg)	Soluble P (mg/kg)	K (mg/kg)	EC (µmhos/cm)	Organic matter (%)	Total salt (mg/kg)
Value			122.00				
DL			2.00				

Lower (South) Dairy

Lower & Upper Dairy

Sample and source description: Lower & Upper Dairy

Sample date: 10/23/2023 Source of analysis: Lab analysis

	Nitrate-N (mg/kg)	Total P (mg/kg)	Soluble P (mg/kg)	K (mg/kg)	EC (µmhos/cm)	Organic matter (%)	Total salt (mg/kg)
Value			76.00				
DL			2.00				

River Bottom

RIVER BTM

Sample and source description: RIVER BTM

Sample date: 11/06/2023 Source of analysis: Lab analysis

	Nitrate-N (mg/kg)	Total P (mg/kg)	Soluble P (mg/kg)	K (mg/kg)	EC (µmhos/cm)	Organic matter (%)	Total salt (mg/kg)
Value			98.00				
DL			2.00				

Upper (North) Dairy

Upper (North) Dairy

Lower & Upper Dairy

Sample and source description: Lower & Upper Dairy

Sample date: 10/23/2023 Source of analysis: Lab analysis

	Nitrate-N (mg/kg)	Total P (mg/kg)	Soluble P (mg/kg)	K (mg/kg)	EC (µmhos/cm)	Organic matter (%)	Total salt (mg/kg)
Value			76.00				
DL			2.00				

E. PLANT TISSUE ANALYSES

Gallo - 11/28/2022: Oats, silage-soft dough

Gallo A

Sample and source description: Gallo A

Sample date: 04/25/2023 Source of analysis: Lab analysis Method of reporting: Dry-weight

Moisture: 72.4 %

	Total N (mg/kg)	Total P (mg/kg)	Total K (mg/kg)	Total salt (mg/kg)	TFS (%)
Value	18,200.00	3,400.00	20,700.00		9.30
DL	100.00	100.00	100.00		0.01

Gallo B

Sample and source description: Gallo B

Sample date: 04/25/2023 Source of analysis: Lab analysis Method of reporting: Dry-weight

Moisture: 69.3 %

	Total N (mg/kg)	Total P (mg/kg)	Total K (mg/kg)	Total salt (mg/kg)	TFS (%)
Value	19,700.00	4,200.00	30,000.00		12.30
DL	100.00	100.00	100.00		0.01

Gallo - 05/26/2023: Corn, silage

Gallo - 05/26/2023: Corn, silage

Gallo A

Sample and source description: Gallo A

Sample date: 09/11/2023 Source of analysis: Lab analysis Method of reporting: Dry-weight

Moisture: 56.8 %

	Total N (mg/kg)	Total P (mg/kg)	Total K (mg/kg)	Total salt (mg/kg)	TFS (%)
Value	9,900.00	2,000.00	6,300.00		4.60
DL	100.00	100.00	100.00		0.01

Gallo B

Sample and source description: Gallo B

Sample date: 09/11/2023 Source of analysis: Lab analysis Method of reporting: Dry-weight

Moisture: 58.9 %

	Total N (mg/kg)	Total P (mg/kg)	Total K (mg/kg)	Total salt (mg/kg)	TFS (%)
Value	10,800.00	2,000.00	6,700.00		4.30
DL	100.00	100.00	100.00		0.01

Lower (South) Dairy - 11/28/2022: Oats, silage-soft dough

Lower Dairy A

Sample and source description: Lower Dairy A

Sample date: 04/25/2023 Source of analysis: Lab analysis Method of reporting: Dry-weight

Moisture: 71.9 %

	Total N (mg/kg)	Total P (mg/kg)	Total K (mg/kg)	Total salt (mg/kg)	TFS (%)
Value	20,100.00	3,900.00	27,900.00		12.20
DL	100.00	100.00	100.00		0.01

Lower (South) Dairy - 11/28/2022: Oats, silage-soft dough

Lower Dairy B

Sample and source description: Lower Dairy B

Sample date: 04/25/2023 Source of analysis: Lab analysis Method of reporting: Dry-weight

Moisture: 71.9 %

	Total N (mg/kg)	Total P (mg/kg)	Total K (mg/kg)	Total salt (mg/kg)	TFS (%)
Value	21,000.00	3,900.00	28,100.00		12.90
DL	100.00	100.00	100.00		0.01

Lower (South) Dairy - 05/26/2023: Corn, silage

Lower Dairy A

Sample and source description: Lower Dairy A

Sample date: 09/11/2023 Source of analysis: Lab analysis Method of reporting: Dry-weight

Moisture: 54.0 %

	Total N (mg/kg)	Total P (mg/kg)	Total K (mg/kg)	Total salt (mg/kg)	TFS (%)
Value	13,000.00	2,300.00	7,000.00		5.60
DL	100.00	100.00	100.00		0.01

Lower Dairy B

Sample and source description: Lower Dairy B

Sample date: 09/11/2023 Source of analysis: Lab analysis Method of reporting: Dry-weight

Moisture: 60.4 %

	Total N (mg/kg)	Total P (mg/kg)	Total K (mg/kg)	Total salt (mg/kg)	TFS (%)
Value	10,700.00	2,000.00	6,400.00		4.10
DL	100.00	100.00	100.00		0.01

River Bottom - 11/28/2022: Oats, silage-soft dough

River Bottom - 11/28/2022: Oats, silage-soft dough

River Bottom

Sample and source description: River Bottom

Sample date: 04/25/2023 Source of analysis: Lab analysis Method of reporting: Dry-weight

Moisture: 71.1 %

	Total N (mg/kg)	Total P (mg/kg)	Total K (mg/kg)	Total salt (mg/kg)	TFS (%)
Value	17,900.00	3,300.00	20,100.00		9.80
DL	100.00	100.00	100.00		0.01

River Bottom - 05/26/2023: Corn, silage

River Bottom

Sample and source description: River Bottom

Sample date: 09/11/2023 Source of analysis: Lab analysis Method of reporting: Dry-weight

Moisture: 59.4 %

	Total N (mg/kg)	Total P (mg/kg)	Total K (mg/kg)	Total salt (mg/kg)	TFS (%)
Value	9,900.00	2,200.00	6,500.00		3.90
DL	100.00	100.00	100.00		0.01

F. SUBSURFACE (TILE) DRAINAGE ANALYSES

No subsurface (tile) drainage analyses entered.

NUTRIENT APPLICATIONS, POTENTIAL REMOVAL, AND BALANCE

A. SUMMARY OF NUTRIENT APPLICATIONS, POTENTIAL REMOVAL, AND BALANCE

	Total N (lbs)	Total P (lbs)	Total K (lbs)	Total salt (lbs)
Existing soil nutrient content	0.00	0.00	0.00	0.00
Plowdown credit	0.00	0.00	0.00	0.00
Commercial fertilizer / Other	0.00	0.00	0.00	0.00
Dry manure	91,126.68	29,280.05	77,382.98	0.00
Process wastewater	0.00	0.00	0.00	0.00
Fresh water	208.83	0.00	0.00	58,471.08
Atmospheric deposition	2,520.00	0.00	0.00	0.00
Total nutrients applied	93,855.51	29,280.05	77,382.98	58,471.08
Anticipated crop nutrient removal	72,000.00	12,708.00	59,544.00	0.00
Actual crop nutrient removal	69,270.27	13,807.78	63,725.96	339,385.02
Nutrient balance	24,585.23	15,472.27	13,657.03	-280,913.94
Applied to removed ratio	1.35	2.12	1.21	0.17

B. POUNDS OF NUTRIENT APPLIED VS. CROP REMOVAL

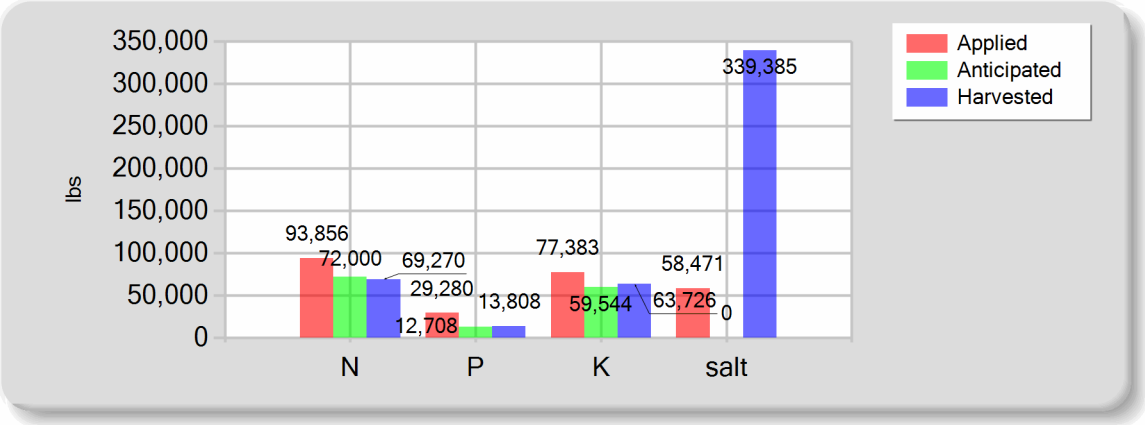

C. POUNDS OF NUTRIENT APPLIED BY MATERIAL TYPE

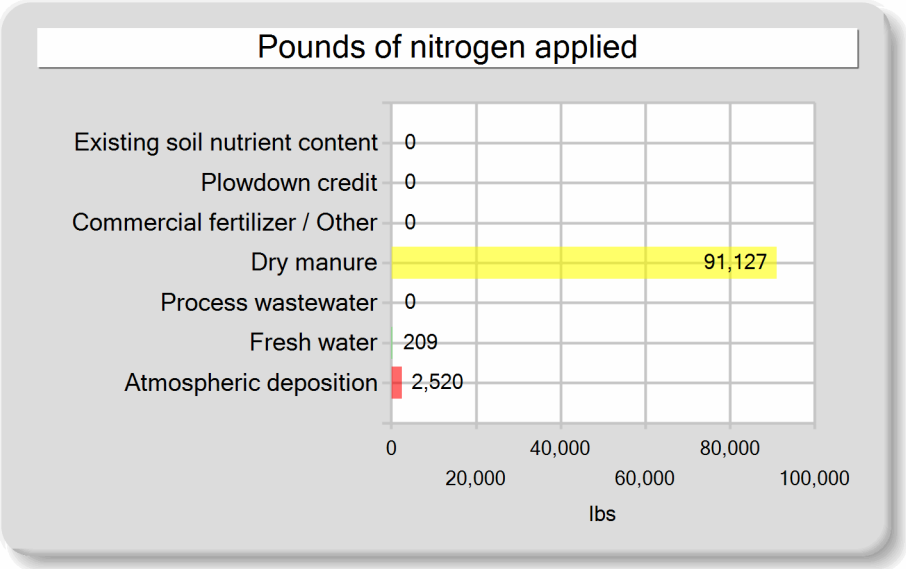

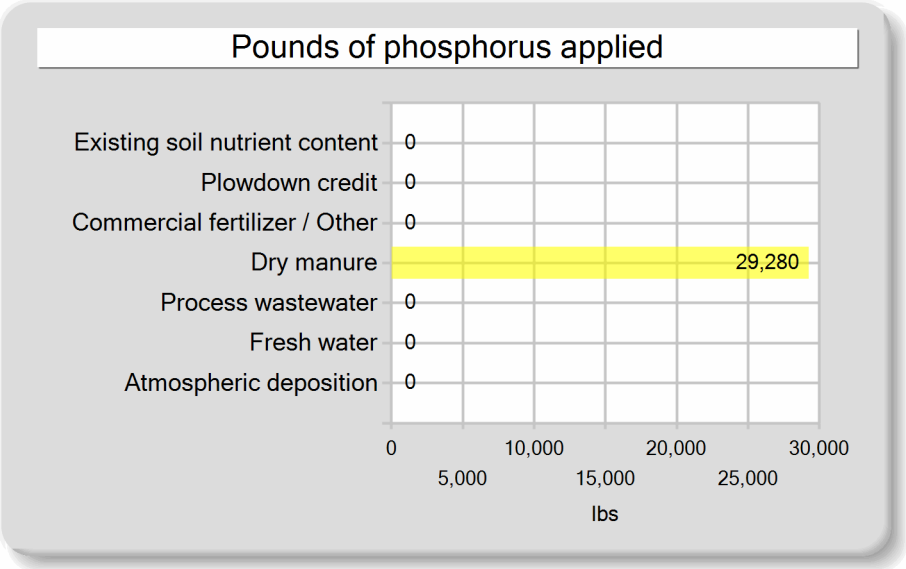

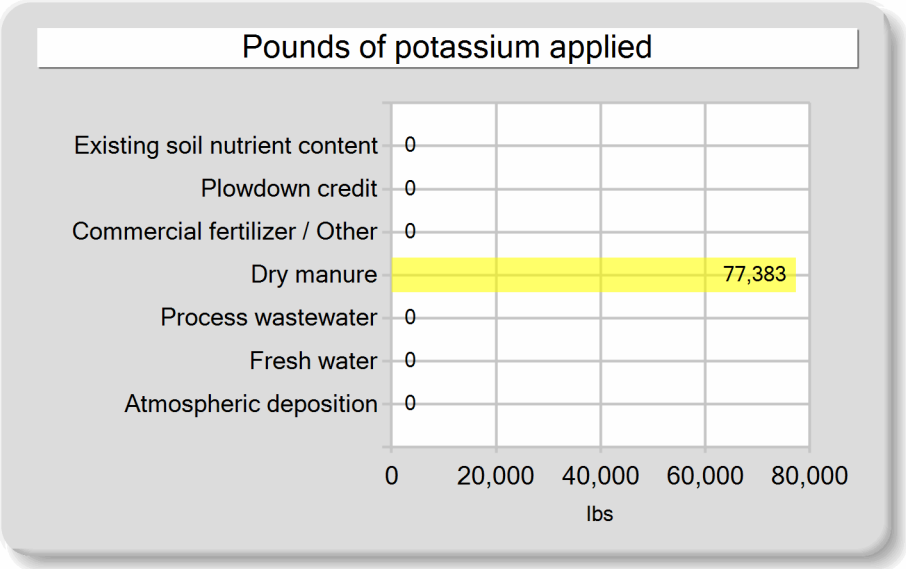

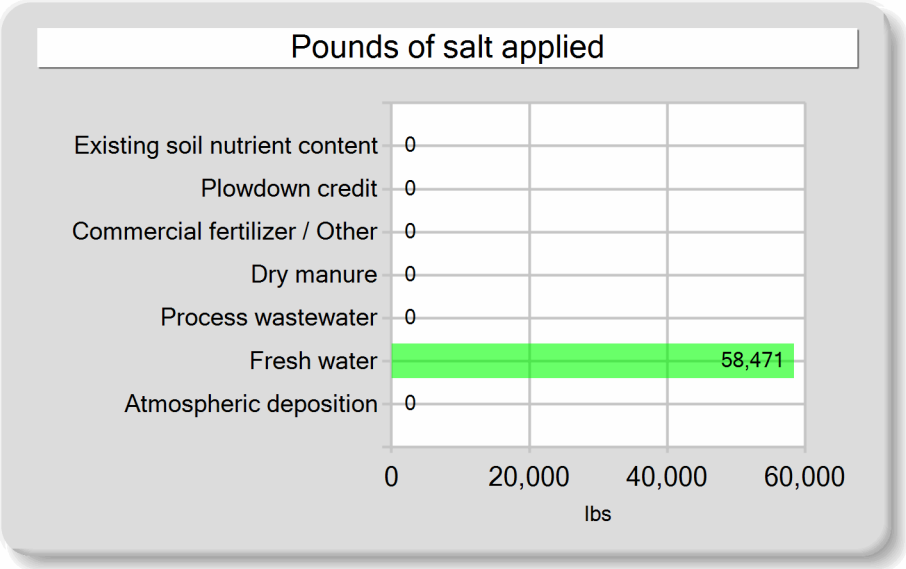

EXCEPTION REPORTING

A. MANURE, PROCESS WASTEWATER, AND OTHER DAIRY WASTE DISCHARGES

The following is a summary of all manure and process wastewater discharges from the production area to surface water or to land areas (land application areas or otherwise) when not in accordance with the facility's Nutrient Management Plan.

No manure or process wastewater discharges occurred during the reporting period.

B. STORM WATER DISCHARGES

The following is a summary of all storm water discharges from the production area to surface water during the reporting period when not in accordance with the facility 's Nutrient Management Plan.

No stormwater discharges occurred during the reporting period.

C. LAND APPLICATION AREA TO SURFACE WATER DISCHARGES

The following is a summary of all discharges from the land application area to surface water that have occurred during the reporting period when not in accordance with the facility's Nutrient Management Plan.

No land application area to surface water discharges occurred during the reporting period.

NUTRIENT MANAGEMENT PLAN AND EXPORT AGREEMENT STATEMENTS

A. NUTRIENT MANAGEMENT PLAN STATEMENTS

Was the facility's NMP updated in the reporting period?	Yes
Was the facility's NMP developed by a certified nutrient management planner (specialist) as specified in Attachment C of the General Order?	Yes
Was the facility's NMP approved by a certified nutrient management planner (specialist) as specified in Attachment C of the General Order?	Yes

B. EXPORT AGREEMENT STATEMENT

Are there any written agreements with third parties to receive manure or process wastewater that are new or were revised within the reporting period?	No

ADDITIONAL NOTES

A. NOTES

ALL SOIL PHOSPHORUS Results reported are expressed as pounds per acre of P2O5 or OSLEN*

*NO Lagoon Water Samples were taken in 2023 because no animals were generating waste and NO WASTE WATER was used for irrigation.

*ALL Solid Manure Applied was Imported in 2023.

CERTIFICATION

A. OWNER AND/OR OPERATOR CERTIFICATION

I certify under penalty of law that I have personally examined and am familiar with the information submitted in this document and all attachments and that, based on my inquiry of those individuals immediately responsible for obtaining the information, I believe that the information is true, accurate, and complete. I am aware that there are significant penalties for submitting false information, including the possibility of fine and imprisonment.

John Baptista (Jun 20, 2024 21:18 PDT)

SIGNATURE OF OWNER OF FACILITY	SIGNATURE OF OPERATOR OF FACILITY
John Baptista	SAME AS OWNER
PRINT OR TYPE NAME	PRINT OR TYPE NAME
06/20/2024	
DATE	DATE

DELLAVALLE™
LABORATORY INC

R & J Avila Inc
8119 Ellington Ave
Hilmar, CA 95324

Account# 00-0019840
Account Manager: Ben Nydam
Submitted By: Rui & John Avila
Ranch: John Baptista Facility

Received: 11/28/2023 13:50
Reported: 11/30/2023 09:10

Samples in this Report

Lab ID	Sample	Matrix	Sampled By	Crop	Date Sampled
23K1215-01	Well #1	Ag Water	T. Madruga		11/27/2023 15:00
23K1215-02	Well #2	Ag Water	T. Madruga		11/27/2023 16:00

Default Cooler Temperature on Receipt °C: 2.4
Containers Intact
COC/Labels Agree
Received On Ice

Notes and Definitions

Item	Definition
H	Hold Time Exceeded
MCL	Drinking Water Maximum Contaminant Level
ND	Analyte NOT DETECTED at or above the reporting limit.
NES	Not Enough Sample
*	Not Taken
RPD	Relative Percent Difference
%REC	Percent Recovery
Source	Sample that was matrix spiked or duplicated.

Scott McFriedland

Laboratory Director/Technical Manager

ELAP Certification #1595
A2LA Certification #6440.02

The results in this report apply to the samples as received and were analyzed in accordance with the chain of custody document. This analytical report must be reproduced in its entirety. All results listed in this report are for the exclusive use of the submitting party. Dellavalle Laboratory, Inc. assumes no responsibility for report alteration, separation, detachment or third party interpretation.

DELLAVALLE™
LABORATORY INC

R & J Avila Inc
8119 Ellington Ave
Hilmar, CA 95324

Account# 00-0019840
Account Manager: Ben Nydam
Submitted By: Rui & John Avila
Ranch: John Baptista Facility

Received: 11/28/2023 13:50
Reported: 11/30/2023 09:10

Sample Results

Sample: Well #1
23K1215-01 (Water)

Sampled: 11/27/2023 15:00
Sampled By: T. Madruga

Analyte	Result	Units	Reporting Limit	DIL	DW MCL	Date/Time Analyzed	Method	Notes	Batch
Electrical Conductivity	**1.85**	mmhos/cm	0.01	1		11/29/23 13:53	SM 2510 B		BEK0810
Electrical Conductivity umhos	**1850**	umhos/cm	10.0	1		11/29/23 13:53	SM 2510 B		BEK0810
Ammonia (as N)	ND	mg/L	0.00	1		11/27/23 15:00	Field		BEK0801
Nitrate Nitrogen as NO3N	**0.3**	mg/L	0.1	1	10	11/28/23 19:31	EPA 300.0		BEK0809
Temperature	**25.0**	units	0.0	1		11/29/23 13:53	SM 4500-H+	H	BEK0810
pH	**7.8**	units	1.0	1		11/29/23 13:53	SM 4500-H+	H	BEK0810

The results in this report apply to the samples as received and were analyzed in accordance with the chain of custody document. This analytical report must be reproduced in its entirety. All results listed in this report are for the exclusive use of the submitting party. Dellavalle Laboratory, Inc. assumes no responsibility for report alteration, separation, detachment or third party interpretation.

DELLAVALLE™
LABORATORY INC

R & J Avila Inc
8119 Ellington Ave
Hilmar, CA 95324

Account# 00-0019840
Account Manager: Ben Nydam
Submitted By: Rui & John Avila
Ranch: John Baptista Facility

Received: 11/28/2023 13:50
Reported: 11/30/2023 09:10

Sample Results
(Continued)

Sample: Well #2
23K1215-02 (Water)

Sampled: 11/27/2023 16:00
Sampled By: T. Madruga

Analyte	Result	Units	Reporting Limit	DIL	DW MCL	Date/Time Analyzed	Method	Notes	Batch
Electrical Conductivity	**1.85**	mmhos/cm	0.01	1		11/29/23 13:54	SM 2510 B		BEK0810
Electrical Conductivity umhos	**1850**	umhos/cm	10.0	1		11/29/23 13:54	SM 2510 B		BEK0810
Ammonia (as N)	ND	mg/L	0.00	1		11/27/23 16:00	Field		BEK0801
Nitrate Nitrogen as NO3N	**0.3**	mg/L	0.1	1	10	11/28/23 19:51	EPA 300.0		BEK0809
Temperature	**25.0**	units	0.0	1		11/29/23 13:54	SM 4500-H+	H	BEK0810
pH	**7.8**	units	1.0	1		11/29/23 13:54	SM 4500-H+	H	BEK0810

The results in this report apply to the samples as received and were analyzed in accordance with the chain of custody document. This analytical report must be reproduced in its entirety. All results listed in this report are for the exclusive use of the submitting party. Dellavalle Laboratory, Inc. assumes no responsibility for report alteration, separation, detachment or third party interpretation.

DELLAVALLE™
LABORATORY INC

R & J Avila Inc
8119 Ellington Ave
Hilmar, CA 95324

Account# 00-0019840
Account Manager: Ben Nydam
Submitted By: Rui & John Avila
Ranch: John Baptista Facility

Received: 11/28/2023 13:50
Reported: 11/30/2023 09:10

Quality Control

Analyte	Result	Qual	Reporting Limit	Units	Spike Level	Source Result	%REC	%REC Limits	RPD	RPD Limit
Batch: BEK0809										
Blank (BEK0809-BLK1)					Prepared & Analyzed: 11/28/2023					
Nitrate Nitrogen as NO3N	ND		0.1	mg/L						
Blank (BEK0809-BLK2)					Prepared & Analyzed: 11/28/2023					
Nitrate Nitrogen as NO3N	ND		0.1	mg/L						
Blank (BEK0809-BLK3)					Prepared: 11/28/2023 Analyzed: 11/29/2023					
Nitrate Nitrogen as NO3N	ND		0.1	mg/L						
LCS (BEK0809-BS1)					Prepared & Analyzed: 11/28/2023					
Nitrate Nitrogen as NO3N	5.2		0.1	mg/L	5.000		103	90-110		
LCS (BEK0809-BS2)					Prepared: 11/28/2023 Analyzed: 11/29/2023					
Nitrate Nitrogen as NO3N	5.5		0.1	mg/L	5.000		110	90-110		
Duplicate (BEK0809-DUP1)		**Source: 23K1216-02**			Prepared: 11/28/2023 Analyzed: 11/29/2023					
Nitrate Nitrogen as NO3N	4.1		0.1	mg/L		4.0			1.74	10
Duplicate (BEK0809-DUP2)		**Source: 23K1221-02**			Prepared: 11/28/2023 Analyzed: 11/29/2023					
Nitrate Nitrogen as NO3N	4.9		0.1	mg/L		4.9			0.123	10
Matrix Spike (BEK0809-MS1)		**Source: 23K1216-02**			Prepared & Analyzed: 11/28/2023					
Nitrate Nitrogen as NO3N	9.2		0.1	mg/L	5.000	4.0	104	90-110		
Matrix Spike (BEK0809-MS2)		**Source: 23K1221-02**			Prepared: 11/28/2023 Analyzed: 11/29/2023					
Nitrate Nitrogen as NO3N	10.2		0.1	mg/L	5.000	4.9	107	90-110		
Reference (BEK0809-SRM1)					Prepared & Analyzed: 11/28/2023					
Nitrate Nitrogen as NO3N	10.3			mg/L	10.00		103	90-110		
Reference (BEK0809-SRM2)					Prepared: 11/28/2023 Analyzed: 11/29/2023					
Nitrate Nitrogen as NO3N	10.3			mg/L	10.00		103	90-110		
Reference (BEK0809-SRM3)					Prepared: 11/28/2023 Analyzed: 11/29/2023					
Nitrate Nitrogen as NO3N	10.3			mg/L	10.00		103	90-110		

The results in this report apply to the samples as received and were analyzed in accordance with the chain of custody document. This analytical report must be reproduced in its entirety. All results listed in this report are for the exclusive use of the submitting party. Dellavalle Laboratory, Inc. assumes no responsibility for report alteration, separation, detachment or third party interpretation.

DELLAVALLE™ LABORATORY INC

R & J Avila Inc
8119 Ellington Ave
Hilmar, CA 95324

Account# 00-0019840
Account Manager: Ben Nydam
Submitted By: Rui & John Avila
Ranch: John Baptista Facility

Received: 11/28/2023 13:50
Reported: 11/30/2023 09:10

Quality Control
(Continued)

Analyte	Result	Qual	Reporting Limit	Units	Spike Level	Source Result	%REC	%REC Limits	RPD	RPD Limit
Batch: BEK0810										
Blank (BEK0810-BLK1)					Prepared: 11/28/2023	Analyzed: 11/29/2023				
Electrical Conductivity	ND		0.01	mmhos/cm						
Temperature	25.0		0.0	units						
pH	6.2		1.0	units						
Electrical Conductivity umhos	ND		10.0	umhos/cm						
Blank (BEK0810-BLK2)					Prepared: 11/28/2023	Analyzed: 11/29/2023				
Electrical Conductivity	ND		0.01	mmhos/cm						
Temperature	25.0		0.0	units						
Electrical Conductivity umhos	ND		10.0	umhos/cm						
pH	7.8		1.0	units						
Blank (BEK0810-BLK3)					Prepared: 11/28/2023	Analyzed: 11/29/2023				
Electrical Conductivity	ND		0.01	mmhos/cm						
Temperature	25.0		0.0	units						
pH	7.8		1.0	units						
Electrical Conductivity umhos	ND		10.0	umhos/cm						
Duplicate (BEK0810-DUP1)		**Source: 23K1215-02**			Prepared: 11/28/2023	Analyzed: 11/29/2023				
Electrical Conductivity	1.83		0.01	mmhos/cm		1.85			0.766	10
pH	7.8		1.0	units		7.8			0.128	10
Electrical Conductivity umhos	1830		10.0	umhos/cm		1850			0.766	10
Duplicate (BEK0810-DUP2)		**Source: 23K1221-02**			Prepared: 11/28/2023	Analyzed: 11/29/2023				
Electrical Conductivity	0.46		0.01	mmhos/cm		0.46			0.810	10
Electrical Conductivity umhos	455		10.0	umhos/cm		459			0.810	10
pH	8.0		1.0	units		8.0			0.00	10
Reference (BEK0810-SRM1)					Prepared: 11/28/2023	Analyzed: 11/29/2023				
Electrical Conductivity	565			umhos/cm	538.0		105	90-110		
Reference (BEK0810-SRM2)					Prepared: 11/28/2023	Analyzed: 11/29/2023				
Electrical Conductivity	ND		0.01	mmhos/cm				90-110		
Reference (BEK0810-SRM3)					Prepared: 11/28/2023	Analyzed: 11/29/2023				
Electrical Conductivity	1070			umhos/cm	1000		107	90-110		
Reference (BEK0810-SRM4)					Prepared: 11/28/2023	Analyzed: 11/29/2023				
pH	6.6		1.0	units				97.5-102.5		
Reference (BEK0810-SRM5)					Prepared: 11/28/2023	Analyzed: 11/29/2023				
pH	6.5		1.0	units				97.5-102.5		
Reference (BEK0810-SRM6)					Prepared: 11/28/2023	Analyzed: 11/29/2023				

The results in this report apply to the samples as received and were analyzed in accordance with the chain of custody document. This analytical report must be reproduced in its entirety. All results listed in this report are for the exclusive use of the submitting party. Dellavalle Laboratory, Inc. assumes no responsibility for report alteration, separation, detachment or third party interpretation.

DELLAVALLE™ LABORATORY INC

R & J Avila Inc
8119 Ellington Ave
Hilmar, CA 95324

Account# 00-0019840
Account Manager: Ben Nydam
Submitted By: Rui & John Avila
Ranch: John Baptista Facility

Received: 11/28/2023 13:50
Reported: 11/30/2023 09:10

Quality Control
(Continued)

Analyte	Result	Qual	Reporting Limit	Units	Spike Level	Source Result	%REC	%REC Limits	RPD	RPD Limit
Batch: BEK0810 (Continued)										
Reference (BEK0810-SRM6)					Prepared: 11/28/2023	Analyzed: 11/29/2023				
pH	4.0			units	4.000		101	97.5-102.5		
Reference (BEK0810-SRM7)					Prepared: 11/28/2023	Analyzed: 11/29/2023				
pH	4.0			units	4.000		100	67021-101.3		

The results in this report apply to the samples as received and were analyzed in accordance with the chain of custody document. This analytical report must be reproduced in its entirety. All results listed in this report are for the exclusive use of the submitting party. Dellavalle Laboratory, Inc. assumes no responsibility for report alteration, separation, detachment or third party interpretation.

11/28/23 13:50 23K1215

DELLAVALLE LABORATORY, INC.

1910 W. McKinley Avenue, Suite 110 • Fresno, CA 93728
www.dellavallelab.com 559 233-6129 · 800 228-9896 · Fax 559 268-8174

JG

No. Samples 2 No. of Bottles: 2

Purchase Order No | Bill To: Acct # 19840 | Cons # 08

Water Type: [ ] Drinking Water [ ] Wastewater
[X] Ag Water [ ] Groundwater [ ] Monitoring Well

Results Need By

Name: R & J Avila Inc
Address: 8119 Ellington Avenue
City: Hilmar **State:** CA **Zip:** 95324
Telephone: (209) 669-7919 **Fax:** (209) 634-4604
Cell/Email: 209 678-3086 Rui / 209 678-1723 John frontdesk.randjavila@gmail.com
COPY TO:
REQUESTED BY: Rui & John Avila
PROJECT John Baptista Facility
ID CROP: N/A

[X] Copy of Chain [X] QA/QC Documents
Sampled By: T. Madruga

Other:

Analysis and Bottles Required: (Please indicate Analysis)

(X) DWW1: EC, pH, NO_3-N (NH4-N Field Test)
(1-1 Liter Plastic, Unpreserved) White Per Sample
( ) DWW2: DWW1 Plus SO_4, CO_3, HCO_3, Cl, Ca, Mg, Na, TDS
(1-1 Liter Plastic, Unpreserved) White Per Sample
( ) DCW1: EC, NO_3-N, TDS + TKN & TN
(1-1 Liter Plastic, Unpreserved) White Per Sample
( ) DPW1: EC, pH, NO_3-N, NH_4-N, TKN, TDS, TP, TK
(1-1 Liter Plastic, Unpreserved) White Per Sample
( ) DPW2: DPW1 Plus SO_4, CO_3, HCO_3, Cl, Ca, Mg, Na
(1-1 Liter Plastic, Unpreserved) White Per Sample
( ) Other

	Description of Samples	Date Sampled	Time Sampled	Rec'd Temp °C	Field NH_4-N
1	Well #1	11/27/2023	1500	2.4	ND
2	Well #2	11/27/2023	1600	2.9	ND
3					
4					
5					
6					
7					
8					
9					
10					

CHAIN OF CUSTODY

Carrier	Signature	Company	Received (Date/Time)	Relinquished (Date/Time)
First	John Avila	R & J Avila, Inc.	11/27/2023 @ 1600	11/28/2023 @ 900
Second	JLF	Dellavalle Laboratory, Inc.	11/28/2023 @ 900	11.28.23 1:20
Third				
Fourth	JG	DLI	11/28/23 13:50	

I guarantee that as the client, or on behalf of client named, I have the authority to contract the above requested services. Should it be found that I do not have such authority, I agree to be personally liable for all costs and, if there should be action against me for this breach, reasonable attorneys' fees. It is understood that payment is expected to be cash with samples unless terms have been previously arranged. Terms are net 30 days; overdue accounts will be charged a liquidated damage fee of 2% per month (annually 24%) or $5.00 per month whichever is greater.
If payment is not made when due and a legitimate dispute exists concerning the product or services of Dellavalle Laboratory, Inc., it will be submitted to mediation under the Rules and Procedures of Creative Alternative to Litigation, Inc. (*cal*). If the dispute is not resolved in mediation, then the dispute will be submitted to binding arbitration through ***cal*** under its Rules and Procedures. The parties will equally bear the costs of mediation/arbitration. If, however, the mediator declares that no legitimate dispute exists, then debto in the event of arbitration,reasonable attorneys' fees of Dellavalle Laboratory.

IR Thermometer SN: 192803727
Correction Factor: 0°C
Calibration Due: 12/22/2023
Location: Laboratory

Invoicing Information: ***Shipping***
Sampling hrs $ In
Miles $ Out
Consulting

Amt Paid	Rec By	Check #	Date

Signature

Samples recieved in cooler with ice (coolant)
[ ] Yes [ ] No

11/28/23 13:50 23K1215

Shipping Information: Fed Ex ☐ UPS ☐ GSO ☐ Picked-Up ☒ Walk In ☐ DLI Sampler ☐
Ontrac ☐ PMS ☐ USPS ☐ Other ☐ _____

Shipping Container: Ice Chest ☒ None ☐ Box ☐

Refrigerant: Wet Ice: ☒ Blue Ice: ☐ None: ☐

Container(s) Received	1	2	3	4	5	6	7	8	9	10
Plastics:										
100 mL sterile plastic $Na_2S_2O_3$ (Green)										
250 mL unpreserved (White)										
250 mL HNO_3 (Red)										
250 mL H_2SO_4 (Yellow)										
500 mL unpreserved (White)										
500 mL HNO_3 (Red)										
500 mL H_2SO_4 (Yellow)										
1 L unpreserved (White)	1	1								
1 L unpreserved (BOD) (Purple)										
1 L HNO_3 (Red)										
1 L H_2SO_4 (Yellow)										
VOA Vials in sets of 3:										
40 mL VOA, HCl (Blue)										
40 mL VOA, $Na_2S_2O_3$ (Green)										
40 mL VOA, unpreserved (White)										
Glass:										
250 mL AG unpreserved (White)										
250 mL AG H_2SO_4 (Yellow)										
250 mL AG $Na_2S_2O_3$ (Green)										
250 mL AG $Na_2S_2O_3$ + MCAA										
500 mL glass unpreserved (White)										
500 mL AG HCl (Blue)										
1 L AG unpreserved (White)										
1 L AG H_2SO_4 (Yellow)										
1 L AG $Na_2S_2O_3$ (Green)										
1 L AG HCl (Blue)										
Special:										
Cr^{6+} w/Borate/HCO3/CO3										
Cyanide - 500 mL NaOH										
Asbestos - 2 - 1L P wrapped in foil										
500 mL or 1 L **AP** $Na_2S_2O_3$ (Green)										
1 L **AG** or **P** NaOH + ZnAc (Sulfide)										
Chlorite/Bromate 250 mL AG with EDA										
TTHM										
HAA5										
40 mL VOA, $Na_2S_2O_3$ + MCAA										