CALIFORNIA REGIONAL WATER QUALITY CONTROL BOARD

CENTRAL VALLEY REGION
11020 SUN CENTER DR #200
RANCHO CORDOVA CA 95670-6114

2023 ANNUAL REPORT

PREPARED FOR:

MOREDA VALLEY DAIRY

20967 PARADISE ROAD

TRACY CA 95304

NOTES:

Facility is only housing minimal support stock, no mature animals and no milking activities occurring

PREPARED BY:

CAS
CARDOSO AG SERVICES

PO BOX 906
NEWMAN CA 95360

Annual Report - General Order No. R5-2007-0035
Reporting period 01/01/2023 to 12/31/2023.

DAIRY FACILITY INFORMATION

A. NAME OF DAIRY OR BUSINESS OPERATING THE DAIRY: Moreda Valley Dairy

Physical address of dairy:

Number and Street	City	County	Zip Code
20967 Paradise RD	Tracy	San Joaquin	95304

Street and nearest cross street (if no address):

Date facility was originally placed in operation: 08/01/2004

Regional Water Quality Control Board Basin Plan designation: San Joaquin River Basin

County Assessor Parcel Number(s) for dairy facility:

X213-X080-X026-XXXX X213-X080-X030-XXXX X213-X080-X032-XXXX X213-X080-X035-XXXX X213-X080-X036-XXXX

B. OPERATORS

Moreda, Don and Deborah

Operator name: Moreda, Don and Deborah

Telephone no.: (707) 782-0322 (Landline) (Cellular)

Mailing Address Number and Street	City	State	Zip Code
3245 Springhill RD	Petaluma	CA	94952

This operator is responsible for paying permit fees.

C. OWNERS

Moreda, Don and Deborah

Legal owner name: Moreda, Don and Deborah

Telephone no.: (707) 782-0322 (Landline) (Cellular)

Mailing Address Number and Street	City	State	Zip Code
3245 Springhill RD	Petaluma	CA	94952

This owner is responsible for paying permit fees.

Annual Report - General Order No. R5-2007-0035
Reporting period 01/01/2023 to 12/31/2023.

AVAILABLE NUTRIENTS

A. HERD INFORMATION

	Milk Cows	Dry Cows	Bred Heifers (15-24 mo.)	Heifers (7-14 mo. to breeding)	Calves (4-6 mo.)	Calves (0-3 mo.)
Number open confinement	0	0	0	50	0	0
Number under roof	0	0	100	0	0	0
Maximum number	0	0	100	50	0	0
Average number	0	0	100	0	0	0
Avg live weight (lbs)	0	0	900	750		

Predominant milk cow breed: Holstein

Average milk production: 1 *pounds per cow per day*

B. MANURE GENERATED

Total manure excreted by the herd: 1,012.51 *tons per reporting period*

Total nitrogen from manure: 9,490.00 *lbs per reporting period*

After ammonia losses (30% loss applied): 6,643.00 *lbs per reporting period*

Total phosphorus from manure: 1,606.00 *lbs per reporting period*

Total potassium from manure: 1.00 *lbs per reporting period*

Total salt from manure: 0.00 *lbs per reporting period*

C. PROCESS WASTEWATER GENERATED

Process wastewater generated: 22,487,400 *gallons*

Total nitrogen generated: 62,503.02 *lbs*

Total phosphorus generated: 9,107.66 *lbs*

Total potassium generated: 326,759.17 *lbs*

Total salt generated: 1,245,481.24 *lbs*

	22,487,400	*gallons applied*
+	0	*gallons exported*
-	0	*gallons imported*
=	22,487,400	*gallons generated*

D. FRESH WATER SOURCES

Source Description	Type
Domestic Well	Ground water
River	Surface water

E. SUBSURFACE (TILE) DRAINAGE SOURCES

No subsurface (tile) drainage sources entered.

F. NUTRIENT IMPORTS

No dry manure nutrient imports entered.

No process wastewater nutrient imports entered.

No commercial or other nutrient imports entered.

G. NUTRIENT EXPORTS

No solid nutrient exports entered.

No liquid nutrient exports entered.

APPLICATION AREA

A. LIST OF LAND APPLICATION AREAS

Field name	Controlled acres	Cropable acres	Total harvests	Type of waste applied	Parcel number
Beffa	47	47	2	process wastewater	XXXX-XXXX-2130-8026 XXXX-XXXX-2130-8030
Big Field	89	89	2	process wastewater	XXXX-XXXX-2130-8032 XXXX-XXXX-2130-8036
Longneck	27	27	2	process wastewater	XXXX-XXXX-2130-8035 XXXX-XXXX-2130-8036
Totals for areas that were used for application	163	163	6		
Totals for areas that were not used for application					
Land application area totals	163	163	6		

B. CROPS AND HARVESTS

Beffa

Field name: Beffa

11/02/2022: Oats, silage-soft dough

Crop: Oats, silage-soft dough Acres planted: 47 Plant date: 11/02/2022

Harvest date	Yield	Reporting basis	Density (lbs/cu ft)	Moisture (%)	N (mg/kg)	P (mg/kg)	K (mg/kg)	Salt (mg/kg)	TFS (%)
05/12/2023	658.00 *ton*	Dry-weight		62.9	20,900.00	4,200.00	24,400.00		12.40

	Yield (tons/acre)	Total N (lbs/acre)	Total P (lbs/acre)	Total K (lbs/acre)	Salt (lbs/acre)
Anticipated harvest content	16.00	160.00	25.60	132.80	0.00
Total actual harvest content	14.00	217.11	43.63	253.47	1,288.11

Beffa

05/16/2023: Corn, silage

Crop: Corn, silage Acres planted: 47 Plant date: 05/16/2023

Harvest date	Yield	Reporting basis	Density (lbs/cu ft)	Moisture (%)	N (mg/kg)	P (mg/kg)	K (mg/kg)	Salt (mg/kg)	TFS (%)
10/19/2023	1,316.00 *ton*	Dry-weight		72.7	11,600.00	2,100.00	14,200.00		6.10

	Yield (tons/acre)	Total N (lbs/acre)	Total P (lbs/acre)	Total K (lbs/acre)	Salt (lbs/acre)
Anticipated harvest content	30.00	240.00	45.00	198.00	0.00
Total actual harvest content	28.00	177.34	32.10	217.09	932.57

Big Field

Field name: Big Field

11/02/2022: Oats, silage-soft dough

Crop: Oats, silage-soft dough Acres planted: 89 Plant date: 11/02/2022

Harvest date	Yield	Reporting basis	Density (lbs/cu ft)	Moisture (%)	N (mg/kg)	P (mg/kg)	K (mg/kg)	Salt (mg/kg)	TFS (%)
05/12/2023	1,246.00 *ton*	Dry-weight		60.1	22,000.00	4,000.00	28,500.00		13.50

	Yield (tons/acre)	Total N (lbs/acre)	Total P (lbs/acre)	Total K (lbs/acre)	Salt (lbs/acre)
Anticipated harvest content	16.00	160.00	25.60	132.80	0.00
Total actual harvest content	14.00	245.78	44.69	318.40	1,508.22

05/16/2023: Corn, silage

Crop: Corn, silage Acres planted: 89 Plant date: 05/16/2023

Harvest date	Yield	Reporting basis	Density (lbs/cu ft)	Moisture (%)	N (mg/kg)	P (mg/kg)	K (mg/kg)	Salt (mg/kg)	TFS (%)
10/19/2023	2,492.00 *ton*	Dry-weight		73.1	10,400.00	2,100.00	11,000.00		5.50

	Yield (tons/acre)	Total N (lbs/acre)	Total P (lbs/acre)	Total K (lbs/acre)	Salt (lbs/acre)
Anticipated harvest content	30.00	240.00	45.00	198.00	0.00
Total actual harvest content	28.00	156.67	31.63	165.70	828.52

Longneck

Field name: Longneck

11/02/2022: Oats, silage-soft dough

Crop: Oats, silage-soft dough Acres planted: 27 Plant date: 11/02/2022

Harvest date	Yield	Reporting basis	Density (lbs/cu ft)	Moisture (%)	N (mg/kg)	P (mg/kg)	K (mg/kg)	Salt (mg/kg)	TFS (%)
05/12/2023	378.00 *ton*	Dry-weight		70.0	22,500.00	4,000.00	34,400.00		13.30

	Yield (tons/acre)	Total N (lbs/acre)	Total P (lbs/acre)	Total K (lbs/acre)	Salt (lbs/acre)
Anticipated harvest content	16.00	160.00	25.60	132.80	0.00
Total actual harvest content	14.00	189.00	33.60	288.96	1,117.20

05/16/2023: Corn, silage

Crop: Corn, silage Acres planted: 27 Plant date: 05/16/2023

Harvest date	Yield	Reporting basis	Density (lbs/cu ft)	Moisture (%)	N (mg/kg)	P (mg/kg)	K (mg/kg)	Salt (mg/kg)	TFS (%)
10/19/2023	756.00 *ton*	Dry-weight		71.0	11,400.00	2,100.00	13,000.00		5.70

	Yield (tons/acre)	Total N (lbs/acre)	Total P (lbs/acre)	Total K (lbs/acre)	Salt (lbs/acre)
Anticipated harvest content	30.00	240.00	45.00	198.00	0.00
Total actual harvest content	28.00	185.14	34.10	211.12	925.68

NUTRIENT BUDGET

A. LAND APPLICATIONS

Beffa - 11/02/2022: Oats, silage-soft dough

Field name: Beffa

Crop: Oats, silage-soft dough — Plant date: 11/02/2022

Application date	Application method	Precipitation 24 hours prior	Precipitation during application	Precipitation 24 hours following
10/19/2022	Surface (irrigation)	No precipitation	No precipitation	No precipitation

Source description	Material type	N (lbs/acre)	P (lbs/acre)	K (lbs/acre)	Salt (lbs/acre)	Amount
Lagoon Water	Process wastewater	174.19	14.70	892.70	2,397.35	1,776,600.00 *gal*
Application event totals		174.19	14.70	892.70	2,397.35	

Application date	Application method	Precipitation 24 hours prior	Precipitation during application	Precipitation 24 hours following
10/28/2022	Surface (irrigation)	No precipitation	No precipitation	No precipitation

Source description	Material type	N (lbs/acre)	P (lbs/acre)	K (lbs/acre)	Salt (lbs/acre)	Amount
River	Surface water	1.31	0.00	0.00	58.89	7,370,061.00 *gal*
Application event totals		1.31	0.00	0.00	58.89	

Application date	Application method	Precipitation 24 hours prior	Precipitation during application	Precipitation 24 hours following
03/05/2023	Surface (irrigation)	No precipitation	No precipitation	No precipitation

Source description	Material type	N (lbs/acre)	P (lbs/acre)	K (lbs/acre)	Salt (lbs/acre)	Amount
River	Surface water	1.15	0.00	0.00	51.75	6,477,350.00 *gal*
Application event totals		1.15	0.00	0.00	51.75	

Application date	Application method	Precipitation 24 hours prior	Precipitation during application	Precipitation 24 hours following
04/18/2023	Surface (irrigation)	No precipitation	No precipitation	No precipitation

Source description	Material type	N (lbs/acre)	P (lbs/acre)	K (lbs/acre)	Salt (lbs/acre)	Amount
River	Surface water	1.15	0.00	0.00	51.75	6,477,350.00 *gal*
Application event totals		1.15	0.00	0.00	51.75	

Beffa - 05/16/2023: Corn, silage

Field name: Beffa

Crop: Corn, silage — Plant date: 05/16/2023

Application date	Application method	Precipitation 24 hours prior	Precipitation during application	Precipitation 24 hours following

Beffa - 05/16/2023: Corn, silage

Application date	Application method	Precipitation 24 hours prior	Precipitation during application	Precipitation 24 hours following
05/18/2023	Surface (irrigation)	No precipitation	No precipitation	No precipitation

Source description	Material type	N (lbs/acre)	P (lbs/acre)	K (lbs/acre)	Salt (lbs/acre)	Amount
River	Surface water	1.31	0.00	0.00	58.89	7,370,061.00 *gal*
Application event totals		1.31	0.00	0.00	58.89	

Application date	Application method	Precipitation 24 hours prior	Precipitation during application	Precipitation 24 hours following
06/28/2023	Surface (irrigation)	No precipitation	No precipitation	No precipitation

Source description	Material type	N (lbs/acre)	P (lbs/acre)	K (lbs/acre)	Salt (lbs/acre)	Amount
Lagoon Water	Process wastewater	73.63	9.18	253.12	1,159.75	1,296,000.00 *gal*
River	Surface water	1.31	0.00	0.00	58.89	7,370,061.00 *gal*
Application event totals		74.94	9.18	253.12	1,218.64	

Application date	Application method	Precipitation 24 hours prior	Precipitation during application	Precipitation 24 hours following
07/12/2023	Surface (irrigation)	No precipitation	No precipitation	No precipitation

Source description	Material type	N (lbs/acre)	P (lbs/acre)	K (lbs/acre)	Salt (lbs/acre)	Amount
River	Surface water	1.59	0.00	0.00	71.66	8,968,638.00 *gal*
Application event totals		1.59	0.00	0.00	71.66	

Application date	Application method	Precipitation 24 hours prior	Precipitation during application	Precipitation 24 hours following
07/27/2023	Surface (irrigation)	No precipitation	No precipitation	No precipitation

Source description	Material type	N (lbs/acre)	P (lbs/acre)	K (lbs/acre)	Salt (lbs/acre)	Amount
Lagoon Water	Process wastewater	69.43	16.11	432.60	2,055.64	1,728,000.00 *gal*
River	Surface water	1.59	0.00	0.00	71.66	8,968,638.00 *gal*
Application event totals		71.02	16.11	432.60	2,127.30	

Application date	Application method	Precipitation 24 hours prior	Precipitation during application	Precipitation 24 hours following
08/13/2023	Surface (irrigation)	No precipitation	No precipitation	No precipitation

Source description	Material type	N (lbs/acre)	P (lbs/acre)	K (lbs/acre)	Salt (lbs/acre)	Amount
Lagoon Water	Process wastewater	75.22	17.45	468.66	2,226.94	1,872,000.00 *gal*
River	Surface water	1.59	0.00	0.00	71.66	8,968,638.00 *gal*
Application event totals		76.81	17.45	468.66	2,298.60	

Beffa - 05/16/2023: Corn, silage

Application date	Application method	Precipitation 24 hours prior	Precipitation during application	Precipitation 24 hours following
09/02/2023	Surface (irrigation)	No precipitation	No precipitation	No precipitation

Source description	Material type	N (lbs/acre)	P (lbs/acre)	K (lbs/acre)	Salt (lbs/acre)	Amount
River	Surface water	1.59	0.00	0.00	71.66	8,968,638.00 *gal*
Application event totals		1.59	0.00	0.00	71.66	

09/21/2023	Surface (irrigation)	No precipitation	No precipitation	No precipitation

Source description	Material type	N (lbs/acre)	P (lbs/acre)	K (lbs/acre)	Salt (lbs/acre)	Amount
River	Surface water	1.31	0.00	0.00	58.89	7,370,061.00 *gal*
Application event totals		1.31	0.00	0.00	58.89	

Big Field - 11/02/2022: Oats, silage-soft dough

Field name: Big Field

Crop: Oats, silage-soft dough

Plant date: 11/02/2022

Application date	Application method	Precipitation 24 hours prior	Precipitation during application	Precipitation 24 hours following
10/19/2022	Surface (irrigation)	No precipitation	No precipitation	No precipitation

Source description	Material type	N (lbs/acre)	P (lbs/acre)	K (lbs/acre)	Salt (lbs/acre)	Amount
Lagoon Water	Process wastewater	174.19	14.70	892.70	2,397.35	3,364,200.00 *gal*
Application event totals		174.19	14.70	892.70	2,397.35	

10/28/2022	Surface (irrigation)	No precipitation	No precipitation	No precipitation

Source description	Material type	N (lbs/acre)	P (lbs/acre)	K (lbs/acre)	Salt (lbs/acre)	Amount
River	Surface water	1.31	0.00	0.00	58.89	13,956,074.00 *gal*
Application event totals		1.31	0.00	0.00	58.89	

03/05/2023	Surface (irrigation)	No precipitation	No precipitation	No precipitation

Source description	Material type	N (lbs/acre)	P (lbs/acre)	K (lbs/acre)	Salt (lbs/acre)	Amount
River	Surface water	1.15	0.00	0.00	51.75	12,265,620.00 *gal*
Application event totals		1.15	0.00	0.00	51.75	

Big Field - 11/02/2022: Oats, silage-soft dough

Application date	Application method	Precipitation 24 hours prior	Precipitation during application	Precipitation 24 hours following
04/18/2023	Surface (irrigation)	No precipitation	No precipitation	No precipitation

Source description	Material type	N (lbs/acre)	P (lbs/acre)	K (lbs/acre)	Salt (lbs/acre)	Amount
River	Surface water	1.15	0.00	0.00	51.75	12,265,620.00 *gal*
Application event totals		1.15	0.00	0.00	51.75	

Big Field - 05/16/2023: Corn, silage

Field name: Big Field

Crop: Corn, silage

Plant date: 05/16/2023

Application date	Application method	Precipitation 24 hours prior	Precipitation during application	Precipitation 24 hours following
05/18/2023	Surface (irrigation)	No precipitation	No precipitation	No precipitation

Source description	Material type	N (lbs/acre)	P (lbs/acre)	K (lbs/acre)	Salt (lbs/acre)	Amount
River	Surface water	1.31	0.00	0.00	58.89	13,956,074.00 *gal*
Application event totals		1.31	0.00	0.00	58.89	

06/28/2023	Surface (irrigation)	No precipitation	No precipitation	No precipitation

Source description	Material type	N (lbs/acre)	P (lbs/acre)	K (lbs/acre)	Salt (lbs/acre)	Amount
Lagoon Water	Process wastewater	64.81	8.08	222.78	1,020.75	2,160,000.00 *gal*
River	Surface water	1.31	0.00	0.00	58.89	13,956,074.00 *gal*
Application event totals		66.12	8.08	222.78	1,079.64	

07/12/2023	Surface (irrigation)	No precipitation	No precipitation	No precipitation

Source description	Material type	N (lbs/acre)	P (lbs/acre)	K (lbs/acre)	Salt (lbs/acre)	Amount
River	Surface water	1.59	0.00	0.00	71.66	16,983,166.00 *gal*
Application event totals		1.59	0.00	0.00	71.66	

Big Field - 05/16/2023: Corn, silage

Application date	Application method	Precipitation 24 hours prior	Precipitation during application	Precipitation 24 hours following
07/27/2023	Surface (irrigation)	No precipitation	No precipitation	No precipitation

Source description	Material type	N (lbs/acre)	P (lbs/acre)	K (lbs/acre)	Salt (lbs/acre)	Amount
Lagoon Water	Process wastewater	65.69	15.24	409.31	1,944.97	3,096,000.00 *gal*
River	Surface water	1.59	0.00	0.00	71.66	16,983,166.00 *gal*
Application event totals		67.29	15.24	409.31	2,016.62	

Application date	Application method	Precipitation 24 hours prior	Precipitation during application	Precipitation 24 hours following
08/13/2023	Surface (irrigation)	No precipitation	No precipitation	No precipitation

Source description	Material type	N (lbs/acre)	P (lbs/acre)	K (lbs/acre)	Salt (lbs/acre)	Amount
Lagoon Water	Process wastewater	71.80	16.66	447.39	2,125.89	3,384,000.00 *gal*
River	Surface water	1.59	0.00	0.00	71.66	16,983,166.00 *gal*
Application event totals		73.40	16.66	447.39	2,197.55	

Application date	Application method	Precipitation 24 hours prior	Precipitation during application	Precipitation 24 hours following
09/02/2023	Surface (irrigation)	No precipitation	No precipitation	No precipitation

Source description	Material type	N (lbs/acre)	P (lbs/acre)	K (lbs/acre)	Salt (lbs/acre)	Amount
River	Surface water	1.59	0.00	0.00	71.66	16,983,166.00 *gal*
Application event totals		1.59	0.00	0.00	71.66	

Application date	Application method	Precipitation 24 hours prior	Precipitation during application	Precipitation 24 hours following
09/21/2023	Surface (irrigation)	No precipitation	No precipitation	No precipitation

Source description	Material type	N (lbs/acre)	P (lbs/acre)	K (lbs/acre)	Salt (lbs/acre)	Amount
River	Surface water	1.31	0.00	0.00	58.89	13,956,074.00 *gal*
Application event totals		1.31	0.00	0.00	58.89	

Longneck - 11/02/2022: Oats, silage-soft dough

Field name: Longneck

Crop: Oats, silage-soft dough

Plant date: 11/02/2022

Application date	Application method	Precipitation 24 hours prior	Precipitation during application	Precipitation 24 hours following

Longneck - 11/02/2022: Oats, silage-soft dough

Application date	Application method	Precipitation 24 hours prior	Precipitation during application	Precipitation 24 hours following
10/19/2022	Surface (irrigation)	No precipitation	No precipitation	No precipitation

Source description	Material type	N (lbs/acre)	P (lbs/acre)	K (lbs/acre)	Salt (lbs/acre)	Amount
Lagoon Water	Process wastewater	174.19	14.70	892.70	2,397.35	1,020,600.00 *gal*
Application event totals		174.19	14.70	892.70	2,397.35	

10/28/2022	Surface (irrigation)	No precipitation	No precipitation	No precipitation

Source description	Material type	N (lbs/acre)	P (lbs/acre)	K (lbs/acre)	Salt (lbs/acre)	Amount
River	Surface water	1.31	0.00	0.00	58.89	4,233,865.00 *gal*
Application event totals		1.31	0.00	0.00	58.89	

03/05/2023	Surface (irrigation)	No precipitation	No precipitation	No precipitation

Source description	Material type	N (lbs/acre)	P (lbs/acre)	K (lbs/acre)	Salt (lbs/acre)	Amount
River	Surface water	1.15	0.00	0.00	51.75	3,721,031.00 *gal*
Application event totals		1.15	0.00	0.00	51.75	

04/18/2023	Surface (irrigation)	No precipitation	No precipitation	No precipitation

Source description	Material type	N (lbs/acre)	P (lbs/acre)	K (lbs/acre)	Salt (lbs/acre)	Amount
River	Surface water	1.15	0.00	0.00	51.75	3,721,031.00 *gal*
Application event totals		1.15	0.00	0.00	51.75	

Longneck - 05/16/2023: Corn, silage

Field name: Longneck

Crop: Corn, silage

Plant date: 05/16/2023

Application date	Application method	Precipitation 24 hours prior	Precipitation during application	Precipitation 24 hours following
05/18/2023	Surface (irrigation)	No precipitation	No precipitation	No precipitation

Source description	Material type	N (lbs/acre)	P (lbs/acre)	K (lbs/acre)	Salt (lbs/acre)	Amount
River	Surface water	1.31	0.00	0.00	58.89	4,233,865.00 *gal*
Application event totals		1.31	0.00	0.00	58.89	

Longneck - 05/16/2023: Corn, silage

Application date	Application method	Precipitation 24 hours prior	Precipitation during application	Precipitation 24 hours following
06/28/2023	Surface (irrigation)	No precipitation	No precipitation	No precipitation

Source description	Material type	N (lbs/acre)	P (lbs/acre)	K (lbs/acre)	Salt (lbs/acre)	Amount
Lagoon Water	Process wastewater	72.99	9.10	250.91	1,149.61	738,000.00 *gal*
River	Surface water	1.31	0.00	0.00	58.89	4,233,865.00 *gal*
Application event totals		74.30	9.10	250.91	1,208.49	

07/12/2023	Surface (irrigation)	No precipitation	No precipitation	No precipitation

Source description	Material type	N (lbs/acre)	P (lbs/acre)	K (lbs/acre)	Salt (lbs/acre)	Amount
River	Surface water	1.59	0.00	0.00	71.66	5,152,196.00 *gal*
Application event totals		1.59	0.00	0.00	71.66	

07/27/2023	Surface (irrigation)	No precipitation	No precipitation	No precipitation

Source description	Material type	N (lbs/acre)	P (lbs/acre)	K (lbs/acre)	Salt (lbs/acre)	Amount
Lagoon Water	Process wastewater	69.24	16.06	431.44	2,050.09	990,000.00 *gal*
River	Surface water	1.59	0.00	0.00	71.66	5,152,196.00 *gal*
Application event totals		70.84	16.06	431.44	2,121.75	

08/13/2023	Surface (irrigation)	No precipitation	No precipitation	No precipitation

Source description	Material type	N (lbs/acre)	P (lbs/acre)	K (lbs/acre)	Salt (lbs/acre)	Amount
Lagoon Water	Process wastewater	74.28	17.23	462.81	2,199.19	1,062,000.00 *gal*
River	Surface water	1.59	0.00	0.00	71.66	5,152,196.00 *gal*
Application event totals		75.87	17.23	462.81	2,270.84	

09/02/2023	Surface (irrigation)	No precipitation	No precipitation	No precipitation

Source description	Material type	N (lbs/acre)	P (lbs/acre)	K (lbs/acre)	Salt (lbs/acre)	Amount
River	Surface water	1.59	0.00	0.00	71.66	5,152,196.00 *gal*
Application event totals		1.59	0.00	0.00	71.66	

Longneck - 05/16/2023: Corn, silage

Application date	Application method	Precipitation 24 hours prior	Precipitation during application	Precipitation 24 hours following
09/21/2023	Surface (irrigation)	No precipitation	No precipitation	No precipitation

Source description	Material type	N (lbs/acre)	P (lbs/acre)	K (lbs/acre)	Salt (lbs/acre)	Amount
River	Surface water	1.31	0.00	0.00	58.89	4,233,865.00 *gal*
Application event totals		1.31	0.00	0.00	58.89	

B. NUTRIENT BUDGET

Beffa - 11/02/2022: Oats, silage-soft dough

Field name: Beffa | Crop: Oats, silage-soft dough | Plant date: 11/02/2022

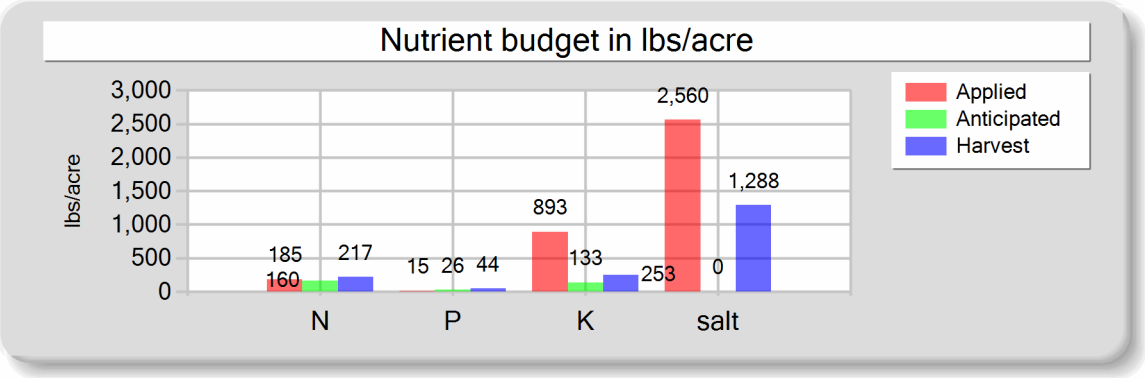

	Total N (lbs/acre)	Total P (lbs/acre)	Total K (lbs/acre)	Total salt (lbs/acre)
Existing soil nutrient content	0.00	0.00	0.00	0.00
Plowdown credit	0.00	0.00	0.00	0.00
Commercial fertilizer / Other	0.00	0.00	0.00	0.00
Dry manure	0.00	0.00	0.00	0.00
Process wastewater	174.19	14.70	892.70	2,397.35
Fresh water	3.61	0.00	0.00	162.39
Atmospheric deposition	7.00	0.00	0.00	0.00
Total nutrients applied	184.80	14.70	892.70	2,559.74
Anticipated crop nutrient removal	160.00	25.60	132.80	0.00
Actual crop nutrient removal	217.11	43.63	253.47	1,288.11
Nutrient balance	-32.31	-28.93	639.23	1,271.63
Applied to removed ratio	0.85	0.34	3.52	1.99

Fresh water applied	
20,324,761.00	*gallons*
748.49	*acre-inches*
15.93	*inches/acre*

Process wastewater applied	
1,776,600.00	*gallons*
65.43	*acre-inches*
1.39	*inches/acre*

Total harvests for the crop	
1	*harvests*

Beffa - 05/16/2023: Corn, silage

Field name: Beffa | Crop: Corn, silage | Plant date: 05/16/2023

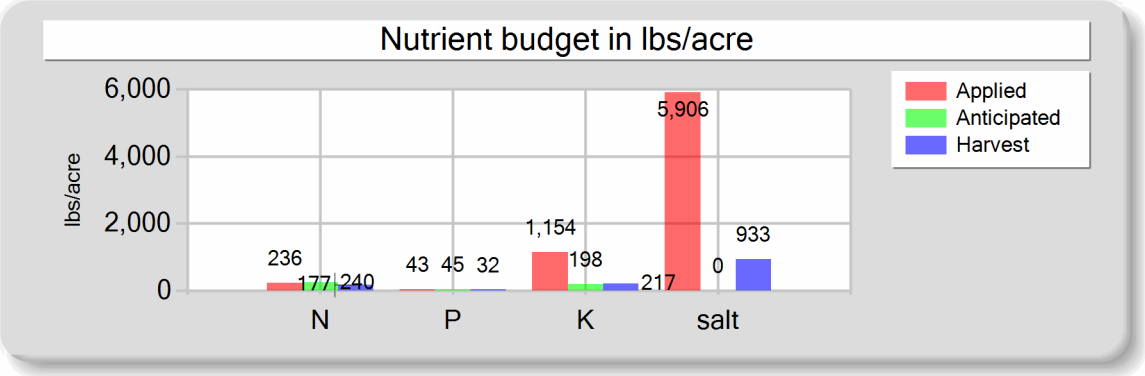

	Total N (lbs/acre)	Total P (lbs/acre)	Total K (lbs/acre)	Total salt (lbs/acre)
Existing soil nutrient content	0.00	0.00	0.00	0.00
Plowdown credit	0.00	0.00	0.00	0.00
Commercial fertilizer / Other	0.00	0.00	0.00	0.00
Dry manure	0.00	0.00	0.00	0.00
Process wastewater	218.28	42.74	1,154.38	5,442.33
Fresh water	10.30	0.00	0.00	463.29
Atmospheric deposition	7.00	0.00	0.00	0.00
Total nutrients applied	235.58	42.74	1,154.38	5,905.62
Anticipated crop nutrient removal	240.00	45.00	198.00	0.00
Actual crop nutrient removal	177.34	32.10	217.09	932.57
Nutrient balance	58.24	10.63	937.29	4,973.06
Applied to removed ratio	1.33	1.33	5.32	6.33

Fresh water applied	
57,984,735.00	*gallons*
2,135.38	*acre-inches*
45.43	*inches/acre*

Process wastewater applied	
4,896,000.00	*gallons*
180.30	*acre-inches*
3.84	*inches/acre*

Total harvests for the crop	
1	*harvests*

Big Field - 11/02/2022: Oats, silage-soft dough

Field name: Big Field | Crop: Oats, silage-soft dough | Plant date: 11/02/2022

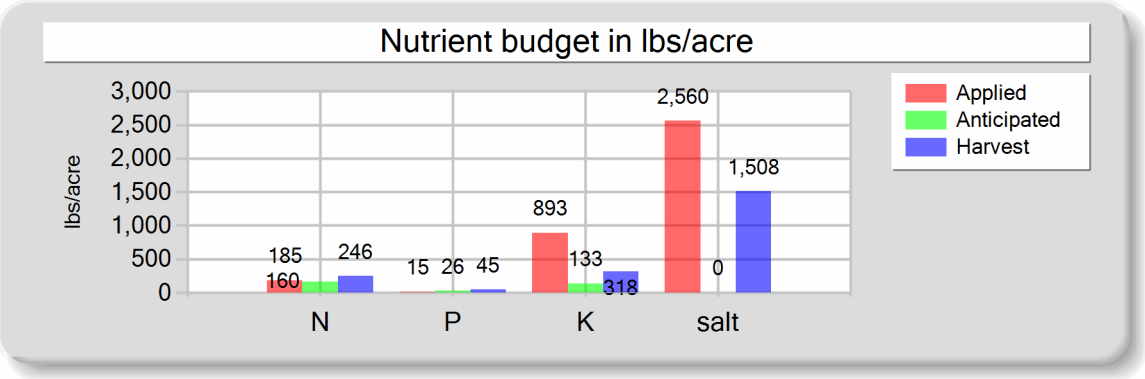

	Total N (lbs/acre)	Total P (lbs/acre)	Total K (lbs/acre)	Total salt (lbs/acre)
Existing soil nutrient content	0.00	0.00	0.00	0.00
Plowdown credit	0.00	0.00	0.00	0.00
Commercial fertilizer / Other	0.00	0.00	0.00	0.00
Dry manure	0.00	0.00	0.00	0.00
Process wastewater	174.19	14.70	892.70	2,397.35
Fresh water	3.61	0.00	0.00	162.39
Atmospheric deposition	7.00	0.00	0.00	0.00
Total nutrients applied	184.80	14.70	892.70	2,559.74
Anticipated crop nutrient removal	160.00	25.60	132.80	0.00
Actual crop nutrient removal	245.78	44.69	318.40	1,508.22
Nutrient balance	-60.99	-29.99	574.30	1,051.52
Applied to removed ratio	0.75	0.33	2.80	1.70

Fresh water applied	
38,487,314.00	*gallons*
1,417.36	*acre-inches*
15.93	*inches/acre*

Process wastewater applied	
3,364,200.00	*gallons*
123.89	*acre-inches*
1.39	*inches/acre*

Total harvests for the crop	
1	*harvests*

Big Field - 05/16/2023: Corn, silage

Field name: Big Field | Crop: Corn, silage | Plant date: 05/16/2023

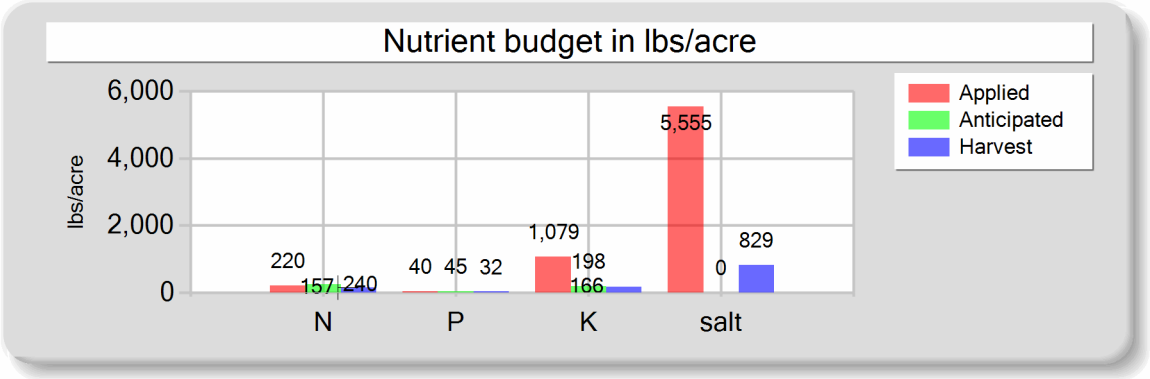

	Total N (lbs/acre)	Total P (lbs/acre)	Total K (lbs/acre)	Total salt (lbs/acre)
Existing soil nutrient content	0.00	0.00	0.00	0.00
Plowdown credit	0.00	0.00	0.00	0.00
Commercial fertilizer / Other	0.00	0.00	0.00	0.00
Dry manure	0.00	0.00	0.00	0.00
Process wastewater	202.31	39.98	1,079.49	5,091.61
Fresh water	10.30	0.00	0.00	463.29
Atmospheric deposition	7.00	0.00	0.00	0.00
Total nutrients applied	219.60	39.98	1,079.49	5,554.90
Anticipated crop nutrient removal	240.00	45.00	198.00	0.00
Actual crop nutrient removal	156.67	31.63	165.70	828.52
Nutrient balance	62.94	8.35	913.78	4,726.38
Applied to removed ratio	1.40	1.26	6.51	6.70

Fresh water applied	
109,800,886.00	*gallons*
4,043.59	*acre-inches*
45.43	*inches/acre*

Process wastewater applied	
8,640,000.00	*gallons*
318.18	*acre-inches*
3.58	*inches/acre*

Total harvests for the crop	
1	*harvests*

Longneck - 11/02/2022: Oats, silage-soft dough

Field name: Longneck | Crop: Oats, silage-soft dough | Plant date: 11/02/2022

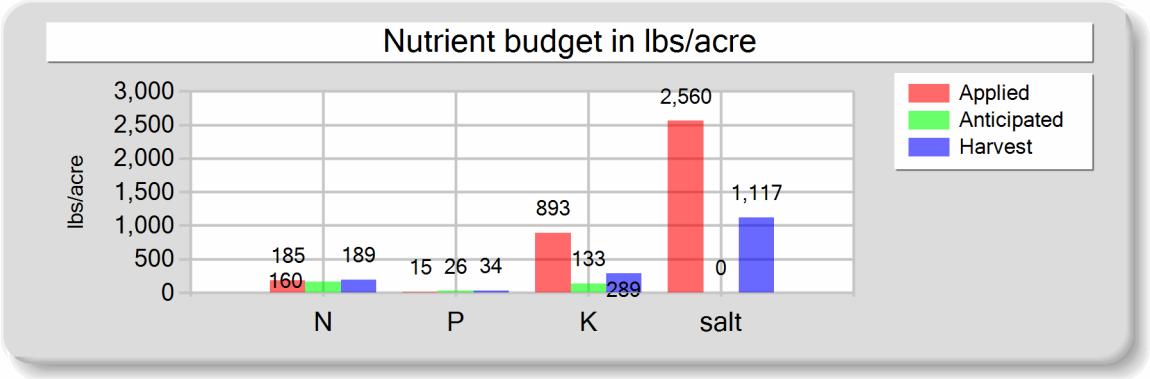

	Total N (lbs/acre)	Total P (lbs/acre)	Total K (lbs/acre)	Total salt (lbs/acre)
Existing soil nutrient content	0.00	0.00	0.00	0.00
Plowdown credit	0.00	0.00	0.00	0.00
Commercial fertilizer / Other	0.00	0.00	0.00	0.00
Dry manure	0.00	0.00	0.00	0.00
Process wastewater	174.19	14.70	892.70	2,397.35
Fresh water	3.61	0.00	0.00	162.39
Atmospheric deposition	7.00	0.00	0.00	0.00
Total nutrients applied	184.80	14.70	892.70	2,559.74
Anticipated crop nutrient removal	160.00	25.60	132.80	0.00
Actual crop nutrient removal	189.00	33.60	288.96	1,117.20
Nutrient balance	-4.20	-18.90	603.74	1,442.54
Applied to removed ratio	0.98	0.44	3.09	2.29

Fresh water applied	
11,675,927.00	*gallons*
429.98	*acre-inches*
15.93	*inches/acre*

Process wastewater applied	
1,020,600.00	*gallons*
37.59	*acre-inches*
1.39	*inches/acre*

Total harvests for the crop	
1	*harvests*

Longneck - 05/16/2023: Corn, silage

Field name: Longneck Crop: Corn, silage Plant date: 05/16/2023

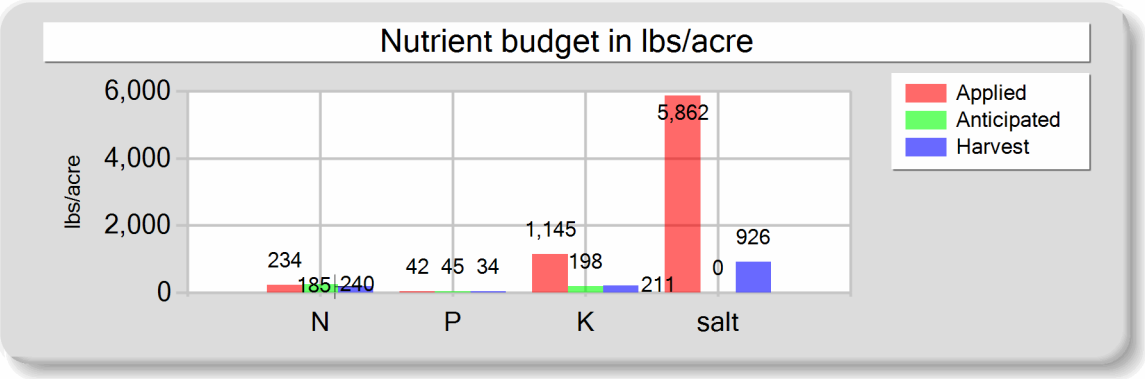

	Total N (lbs/acre)	Total P (lbs/acre)	Total K (lbs/acre)	Total salt (lbs/acre)
Existing soil nutrient content	0.00	0.00	0.00	0.00
Plowdown credit	0.00	0.00	0.00	0.00
Commercial fertilizer / Other	0.00	0.00	0.00	0.00
Dry manure	0.00	0.00	0.00	0.00
Process wastewater	216.51	42.40	1,145.16	5,398.88
Fresh water	10.30	0.00	0.00	463.29
Atmospheric deposition	7.00	0.00	0.00	0.00
Total nutrients applied	233.81	42.40	1,145.16	5,862.17
Anticipated crop nutrient removal	240.00	45.00	198.00	0.00
Actual crop nutrient removal	185.14	34.10	211.12	925.68
Nutrient balance	48.67	8.29	934.04	4,936.49
Applied to removed ratio	1.26	1.24	5.42	6.33

Fresh water applied	
33,310,379.00	*gallons*
1,226.71	*acre-inches*
45.43	*inches/acre*

Process wastewater applied	
2,790,000.00	*gallons*
102.75	*acre-inches*
3.81	*inches/acre*

Total harvests for the crop	
1	*harvests*

NUTRIENT ANALYSES

A. MANURE ANALYSES

SSB Manure

Sample and source description: SSB Manure

Sample date: 12/06/2023 Material type: Separator solids Source of analysis: Lab analysis Method of reporting: Dry-weight

Moisture: 60.9 %

	Total N (mg/kg)	Total P (mg/kg)	Total K (mg/kg)	Calcium (mg/kg)	Magnesium (mg/kg)	Sodium (mg/kg)	Sulfur (mg/kg)	Chloride (mg/kg)	Total salt (mg/kg)	TFS (%)
Value	11,600.00	2,900.00	7,900.00							0.00
DL	0.01	0.01	0.01							1.00

B. PROCESS WASTEWATER ANALYSES

2022 Lagoon Q4

Sample and source description: 2022 Lagoon Q4

Sample date: 11/17/2022 Material type: Process wastewater Source of analysis: Lab analysis pH: 7.90

	Kjeldahl-N (mg/L)	NH4-N (mg/L)	NH3-N (mg/L)	Nitrate-N (mg/L)	Total P (mg/L)	Total K (mg/L)	Calcium (mg/L)	Magnes. (mg/L)	Sodium (mg/L)	Bicarb. (mg/L)	Carb. (mg/L)	Sulfate (mg/L)	Chloride (mg/L)	EC (µmhos/cm)	TDS (mg/L)
Value	550.00	396.00	0.00	2.20	46.60	2,830.00								13,800.00	7,600
DL	0.01	0.01	0.01	0.01	0.01	0.01								1.00	1

Lagoon Q1

Sample and source description: Lagoon Q1

Sample date: 03/30/2023 Material type: Process wastewater Source of analysis: Lab analysis pH: 8.10

	Kjeldahl-N (mg/L)	NH4-N (mg/L)	NH3-N (mg/L)	Nitrate-N (mg/L)	Total P (mg/L)	Total K (mg/L)	Calcium (mg/L)	Magnes. (mg/L)	Sodium (mg/L)	Bicarb. (mg/L)	Carb. (mg/L)	Sulfate (mg/L)	Chloride (mg/L)	EC (µmhos/cm)	TDS (mg/L)
Value	325.00	206.00	0.00	1.60	35.80	960.00								8,350.00	4,900
DL	0.01	0.01	0.01	0.01	0.01	0.01								10.00	1

Lagoon Q2

Sample and source description: Lagoon Q2

Sample date: 05/15/2023 Material type: Process wastewater Source of analysis: Lab analysis pH: 8.20

	Kjeldahl-N (mg/L)	NH4-N (mg/L)	NH3-N (mg/L)	Nitrate-N (mg/L)	Total P (mg/L)	Total K (mg/L)	Calcium (mg/L)	Magnes. (mg/L)	Sodium (mg/L)	Bicarb. (mg/L)	Carb. (mg/L)	Sulfate (mg/L)	Chloride (mg/L)	EC (µmhos/cm)	TDS (mg/L)
Value	319.00	175.00	0.00	1.00	39.90	1,100.00								8,760.00	5,040
DL	0.01	0.01	0.01	0.01	0.01	0.01								10.00	1

Lagoon Q3

Sample and source description: Lagoon Q3

Sample date: 07/24/2023 Material type: Process wastewater Source of analysis: Lab analysis pH: 8.20

	Kjeldahl-N (mg/L)	NH4-N (mg/L)	NH3-N (mg/L)	Nitrate-N (mg/L)	Total P (mg/L)	Total K (mg/L)	Calcium (mg/L)	Magnes. (mg/L)	Sodium (mg/L)	Bicarb. (mg/L)	Carb. (mg/L)	Sulfate (mg/L)	Chloride (mg/L)	EC (µmhos/cm)	TDS (mg/L)
Value	225.00	102.00	0.00	1.30	52.50	1,410.00								10,100.00	6,700
DL	0.01	0.01	0.01	0.01	0.01	0.01								10.00	1

Lagoon Q4

Sample and source description: Lagoon Q4

Sample date: 12/06/2023 Material type: Process wastewater Source of analysis: Lab analysis pH: 8.50

	Kjeldahl-N (mg/L)	NH4-N (mg/L)	NH3-N (mg/L)	Nitrate-N (mg/L)	Total P (mg/L)	Total K (mg/L)	Calcium (mg/L)	Magnes. (mg/L)	Sodium (mg/L)	Bicarb. (mg/L)	Carb. (mg/L)	Sulfate (mg/L)	Chloride (mg/L)	EC (µmhos/cm)	TDS (mg/L)
Value	208.00	55.70	0.00	1.20	38.00	173.00								12,100.00	8,250
DL	0.01	0.01	0.01	0.01	0.01	0.01								10.00	1

C. FRESH WATER ANALYSES

Domestic Well

Domestic Well

Domestic Well MB

Sample description: Domestic Well MB

Sample date: 12/06/2023 Source of analysis: Lab analysis

	Total N (mg/L)	NH4-N (mg/L)	Nitrate-N (mg/L)	Calcium (mg/L)	Magnesium (mg/L)	Sodium (mg/L)	Bicarbonate (mg/L)	Carbonate (mg/L)	Sulfate (mg/L)	Chloride (mg/L)	EC (µmhos/cm)	TDS (mg/L)
Value	0.20	0.00	0.20								2,570.00	0
DL	0.01	0.01	0.01								10.00	1

Domestic Well Shop

Sample description: Domestic Well Shop

Sample date: 12/06/2023 Source of analysis: Lab analysis

	Total N (mg/L)	NH4-N (mg/L)	Nitrate-N (mg/L)	Calcium (mg/L)	Magnesium (mg/L)	Sodium (mg/L)	Bicarbonate (mg/L)	Carbonate (mg/L)	Sulfate (mg/L)	Chloride (mg/L)	EC (µmhos/cm)	TDS (mg/L)
Value	6.10	0.00	6.10								1,920.00	0
DL	0.01	0.01	0.01								10.00	1

River

River

Sample description: River

Sample date: 07/08/2023 Source of analysis: Lab analysis

	Total N (mg/L)	NH4-N (mg/L)	Nitrate-N (mg/L)	Calcium (mg/L)	Magnesium (mg/L)	Sodium (mg/L)	Bicarbonate (mg/L)	Carbonate (mg/L)	Sulfate (mg/L)	Chloride (mg/L)	EC (µmhos/cm)	TDS (mg/L)
Value	1.00	0.00	0.10								51.50	45
DL	1.00	0.01	0.01								1.00	1

D. SOIL ANALYSES

No soil analyses entered.

E. PLANT TISSUE ANALYSES

Beffa - 11/02/2022: Oats, silage-soft dough

Beffa Oats

Sample and source description: Beffa Oats

Sample date: 05/12/2023 Source of analysis: Lab analysis Method of reporting: Dry-weight

Moisture: 62.9 %

	Total N (mg/kg)	Total P (mg/kg)	Total K (mg/kg)	Total salt (mg/kg)	TFS (%)
Value	20,900.00	4,200.00	24,400.00		12.40
DL	0.01	0.01	0.01		1.00

Beffa - 05/16/2023: Corn, silage

Betta Corn

Sample and source description: Betta Corn

Sample date: 10/19/2023 Source of analysis: Lab analysis Method of reporting: Dry-weight

Moisture: 72.7 %

	Total N (mg/kg)	Total P (mg/kg)	Total K (mg/kg)	Total salt (mg/kg)	TFS (%)
Value	11,600.00	2,100.00	14,200.00		6.10
DL	0.01	0.01	0.01		1.00

Big Field - 11/02/2022: Oats, silage-soft dough

Big Field Oats

Sample and source description: Big Field Oats

Sample date: 05/12/2023 Source of analysis: Lab analysis Method of reporting: Dry-weight

Moisture: 60.1 %

	Total N (mg/kg)	Total P (mg/kg)	Total K (mg/kg)	Total salt (mg/kg)	TFS (%)
Value	22,000.00	4,000.00	28,500.00		13.50
DL	0.01	0.01	0.01		1.00

Big Field - 05/16/2023: Corn, silage

Big Field Corn

Sample and source description: Big Field Corn

Sample date: 10/19/2023 Source of analysis: Lab analysis Method of reporting: Dry-weight

Moisture: 73.1 %

	Total N (mg/kg)	Total P (mg/kg)	Total K (mg/kg)	Total salt (mg/kg)	TFS (%)
Value	10,400.00	2,100.00	11,000.00		5.50
DL	0.01	0.01	0.01		1.00

Longneck - 11/02/2022: Oats, silage-soft dough

Longneck Oats

Sample and source description: Longneck Oats

Sample date: 05/12/2023 Source of analysis: Lab analysis Method of reporting: Dry-weight

Moisture: 46.7 %

	Total N (mg/kg)	Total P (mg/kg)	Total K (mg/kg)	Total salt (mg/kg)	TFS (%)
Value	22,500.00	4,000.00	34,400.00		13.30
DL	0.01	0.01	0.01		1.00

Longneck - 05/16/2023: Corn, silage

Longneck Corn

Sample and source description: Longneck Corn

Sample date: 10/19/2023 Source of analysis: Lab analysis Method of reporting: Dry-weight

Moisture: 71.0 %

	Total N (mg/kg)	Total P (mg/kg)	Total K (mg/kg)	Total salt (mg/kg)	TFS (%)
Value	11,400.00	2,100.00	13,000.00		5.70
DL	0.01	0.01	0.01		1.00

F. SUBSURFACE (TILE) DRAINAGE ANALYSES

No subsurface (tile) drainage analyses entered.

NUTRIENT APPLICATIONS, POTENTIAL REMOVAL, AND BALANCE

A. SUMMARY OF NUTRIENT APPLICATIONS, POTENTIAL REMOVAL, AND BALANCE

	Total N (lbs)	Total P (lbs)	Total K (lbs)	Total salt (lbs)
Existing soil nutrient content	0.00	0.00	0.00	0.00
Plowdown credit	0.00	0.00	0.00	0.00
Commercial fertilizer / Other	0.00	0.00	0.00	0.00
Dry manure	0.00	0.00	0.00	0.00
Process wastewater	62,503.02	9,107.66	326,759.17	1,245,481.24
Fresh water	2,266.37	0.00	0.00	101,986.58
Atmospheric deposition	2,282.00	0.00	0.00	0.00
Total nutrients applied	67,051.39	9,107.66	326,759.17	1,347,467.82
Anticipated crop nutrient removal	65,200.00	11,507.80	53,920.40	0.00
Actual crop nutrient removal	64,458.84	12,180.22	78,703.76	367,499.58
Nutrient balance	2,592.55	-3,072.55	248,055.41	979,968.24
Applied to removed ratio	1.04	0.75	4.15	3.67

B. POUNDS OF NUTRIENT APPLIED VS. CROP REMOVAL

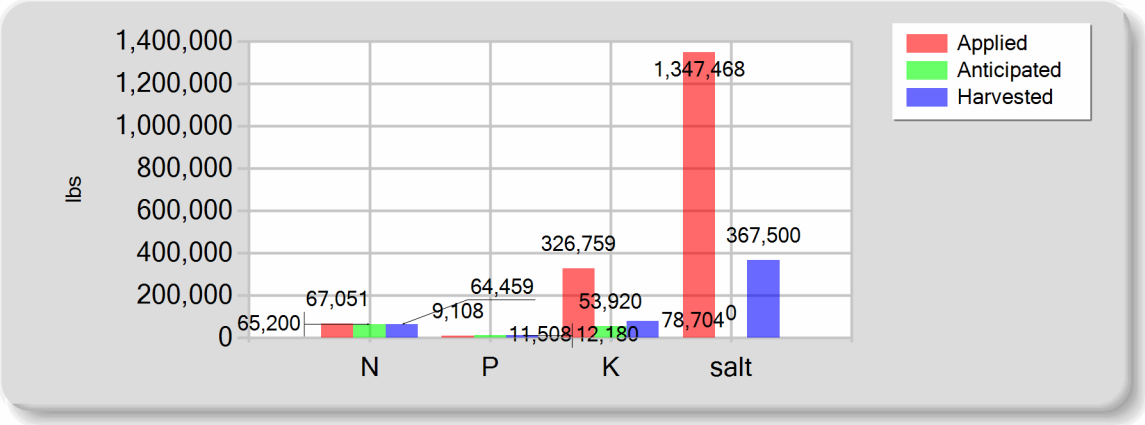

C. POUNDS OF NUTRIENT APPLIED BY MATERIAL TYPE

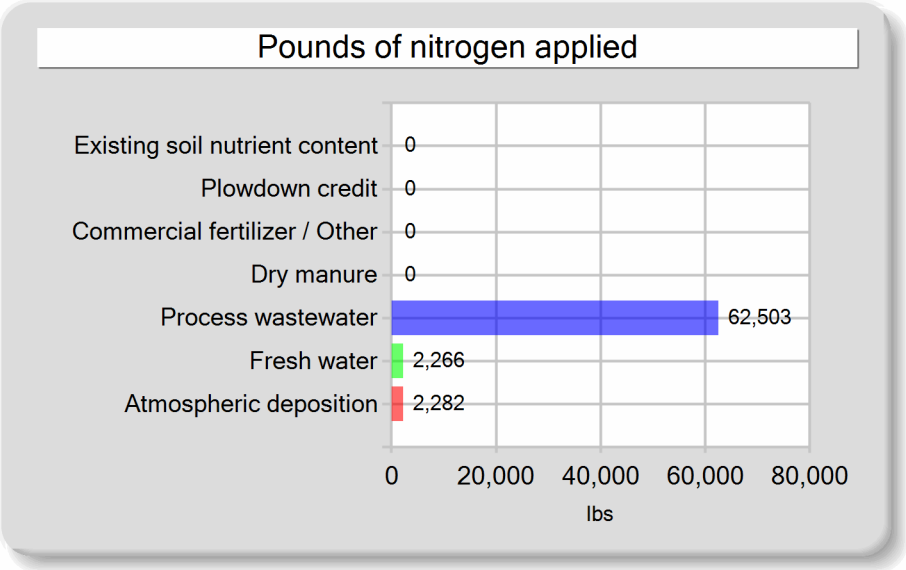

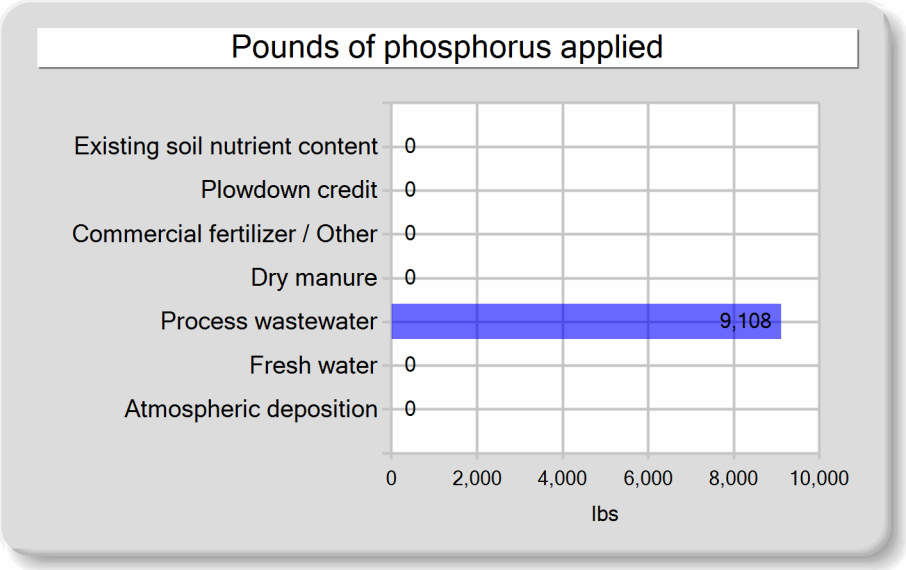

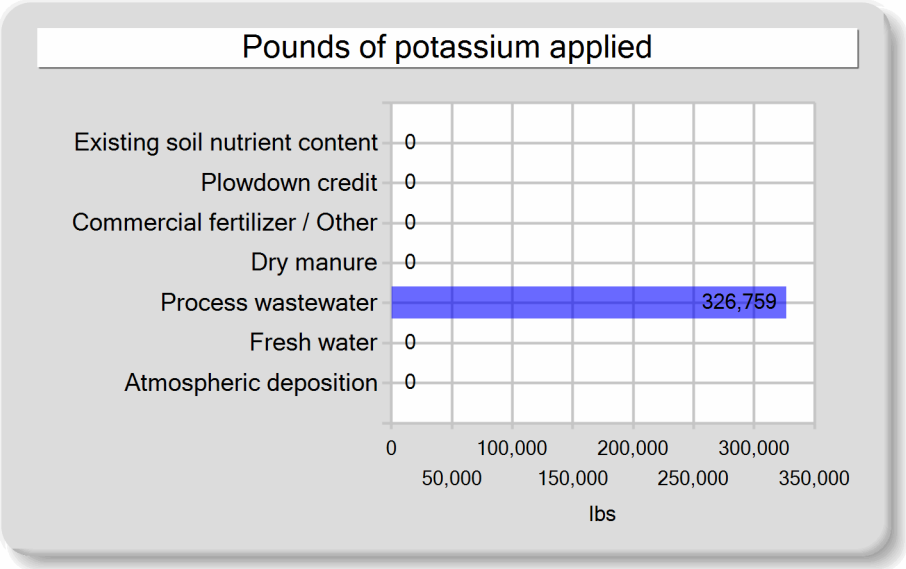

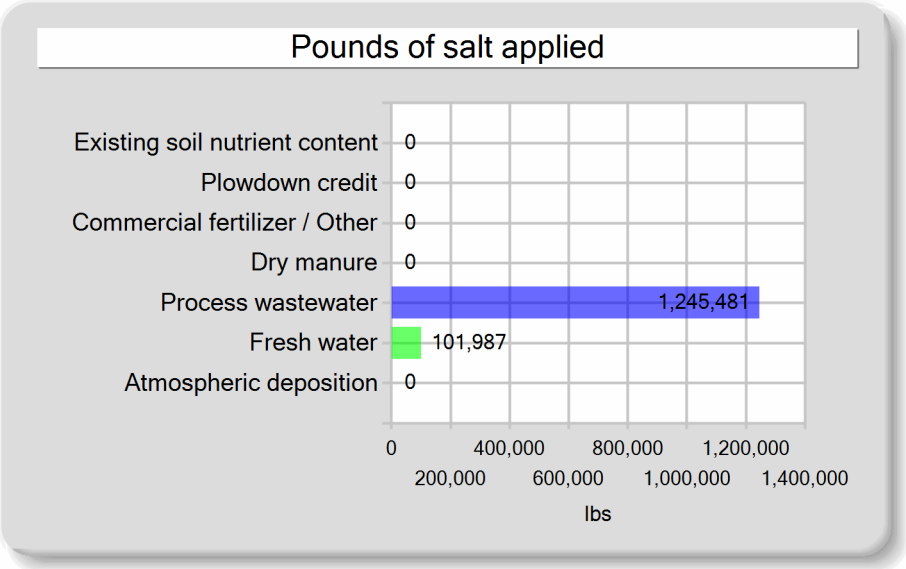

EXCEPTION REPORTING

A. MANURE, PROCESS WASTEWATER, AND OTHER DAIRY WASTE DISCHARGES

The following is a summary of all manure and process wastewater discharges from the production area to surface water or to land areas (land application areas or otherwise) when not in accordance with the facility's Nutrient Management Plan.

No manure or process wastewater discharges occurred during the reporting period.

B. STORM WATER DISCHARGES

The following is a summary of all storm water discharges from the production area to surface water during the reporting period when not in accordance with the facility 's Nutrient Management Plan.

No stormwater discharges occurred during the reporting period.

C. LAND APPLICATION AREA TO SURFACE WATER DISCHARGES

The following is a summary of all discharges from the land application area to surface water that have occurred during the reporting period when not in accordance with the facility's Nutrient Management Plan.

No land application area to surface water discharges occurred during the reporting period.

NUTRIENT MANAGEMENT PLAN AND EXPORT AGREEMENT STATEMENTS

A. NUTRIENT MANAGEMENT PLAN STATEMENTS

Was the facility's NMP updated in the reporting period?	No
Was the facility's NMP developed by a certified nutrient management planner (specialist) as specified in Attachment C of the General Order?	Yes
Was the facility's NMP approved by a certified nutrient management planner (specialist) as specified in Attachment C of the General Order?	Yes

B. EXPORT AGREEMENT STATEMENT

Are there any written agreements with third parties to receive manure or process wastewater that are new or were revised within the reporting period?	No

ADDITIONAL NOTES

A. NOTES

Facility has not been housing milk cows for several years and just minor support stock, therefore minimal manure is being produced and only one sample was taken. Lagoon water is not being generated but samples have been taken from water in ponds from rain water and has been utilized on fields

CERTIFICATION

A. OWNER AND/OR OPERATOR CERTIFICATION

I certify under penalty of law that I have personally examined and am familiar with the information submitted in this document and all attachments and that, based on my inquiry of those individuals immediately responsible for obtaining the information, I believe that the information is true, accurate, and complete. I am aware that there are significant penalties for submitting false information, including the possibility of fine and imprisonment.

Don Moreda

SIGNATURE OF OWNER OF FACILITY	SIGNATURE OF OPERATOR OF FACILITY
Don and Deborah Moreda	SAME AS OWNER
PRINT OR TYPE NAME	PRINT OR TYPE NAME
Jul 11, 2024	
DATE	DATE

ATTACHMENTS

A. REQUIRED ATTACHMENTS

The following lists the required documents that should be attached to the Annual Report when submitted .

Annual Dairy Facility Assessment
Provide an Annual Dairy Facility Assessment (an update to the Preliminary Dairy Facility Assessment in Attachment A) for each reporting period. On the PDFA Final page, click on the ADFA Report button to generate an ADFA report after updating information as needed .

Manure/Process Wastewater Tracking Manifests
Provide copies of all manure/process wastewater tracking manifests for the reporting period, signed by both the owner/operator and the hauler.

Corrective Actions Documents
Provide records documenting any corrective actions taken to correct deficiencies noted as a result of the inspections required in the Monitoring Requirements of the General Order. Deficiencies not corrected in 30 days must be accompanied by an explanation of the factors preventing immediate correction.

Groundwater Monitoring
Dischargers that monitor supply wells or subsurface (tile) drainage systems, or that have monitoring well systems must submit monitoring results as directed in the General Order, Groundwater Reporting Section starting on page MRP-13.

Storm Water Monitoring
Dischargers that are required to monitor storm water more frequently than required in the General Order must submit monitoring results as directed in the General Order, Storm Water Reporting Section on page MRP-14.

Report of Dairy Well Water Analysis

DELLAVALLE LABORATORY INC

Moreda Dairy
3245 Spring Hill Rd
Petaluma CA 94952
00-0023647 08

E-mail:
Copy To: cas.labs@yahoo.com

Lab No.: 23L0440
Sampled By: M Pedroso
Requested By: Stephanie Moreda-Arend
Submitted Date: 12/07/23
Reported Date: 12/13/23
Project:
Crop ID:

		Date Sampled	Time Sampled	EC µmhos/cm	EC mmhos/cm	NO_3-N mg/L	Field NH_4-N mg/L	Total NH_4-N mg/L	pH at 25°C unit
1	DW - MB	12/06/23	15:00	2570	2.57	0.2	ND		8.2
2	DW - Shop	12/06/23	15:05	1920	1.92	6.1	ND		7.8

***** = Field NH_4-N not Taken.
ND = None Detected

Approved By: Scott M Friedland
Laboratory Director\Technical Manager
ELAP Certification #1595
A2LA Certification #6440.02

12/07/23 15:35 23L0440

DELLAVALLE LABORATORY, INC.

1910 W. McKinley Avenue, Suite 110 • Fresno, CA 93728
www.dellavallelab.com 559 233-6129 800 228-9896 • Fax 559 268-8174

WATER WORK REQUEST

Bill To: Acct No. 23647 Cons. 8

Purchase Order No. Results Needed By

Client: Moreda Valley Dairy
Address: 3245 Spring Hill Road
City, State, Zip: Petaluma CA 94952
Phone: Fax:
Cell/Email:

Copy to: Cardoso Ag Sevices - cas.labs@yahoo.com

Requested by: Stephanie Moreda-Arend - (707) 782-0322

Ranch:

Date sampled: 12/6/23

Sampled by: mPedroso

[X] QA/QC Document [X] Copy of Chain [ ] RWQCB

No. of Samples: 2 No. Bottles: 2

Water Type: [ ] Drinking [ ] Wastewater
[ ] Ag Water [ ] Ground Water [ ] Mon. Well
[X] Supply Water [ ] Other

Analysis and Bottles Required: *(Please Indicate Analysis)*

(X) DWW1: (EC, pH, NO_3-N, **NH_4-N Field Test)**
(1) l L plastic, unpreserved (white)

( ) DWW2: (DWW1 Plus SO_4, CO_3, HCO_3, Cl, Ca, Mg, Na, TDS)
(1) l L plastic, unpreserved (white)

( ) DCW1: (EC, NO_3-N, TDS)
(1) l L plastic, unpreserved (white)

( ) DPW1: (EC, pH, NO_3-N, NH_4-N, TKN, TDS, TP, TK)
(1) l L plastic, unpreserved (white)

( ) DPW2: (DPW1 Plus Ca, Mg, Na, HCO_3, CO_3, SO_4, Cl)
(1) l L plastic, unpreserved (white)

( ) Other

DESCRIPTION OF SAMPLES		Date Sampled	Time Sampled	Field NH4-N (mg/L)	Received Temp °C
1. DW-MB	Sampled From:	3pm	12/6/23	0	1.9
2. DW-Shop	Sampled From:	305pm	12/6/23	0	1.3
3.	Sampled From:				
4.	Sampled From:				
5.	Sampled From:				
6.	Sampled From:				
7.	Sampled From:				
8.	Sampled From:				
9.	Sampled From:				
10.	Sampled From:				

IR Thermometer SN: 221314357
Correction Factor: 0°C
Calibration Due: 03/06/2024
Location: Laboratory

CHAIN OF CUSTODY

Carrier	Signature	Company	Received (Date/Time)	Relinquished (Date/Time)
First	mPed	CAS Inc	12/6/23 3pm	12/7/23 11A
Second	JLF	DLV	12-7-23 11:00	12-7-23 3:15
Third				
Fourth		DLI	12-7-23 15:35	

I guarantee that as the client, or on behalf of the client named, I have the authority to contract the above requested services. Should it be found that I do not have such authority, I agree to be personally liable for all costs and, if there should be action against me for this breach, reasonable attorneys' fees. It is understood that payment is expected to be cash with samples unless terms have been previously arranged. Terms are net 30 days; overdue accounts will be charged a dated damage fee of 2% per month (annually 24 %) or $5.00 per month whichever is greater.

If payment is not made when due and a legitimate dispute exists concerning the product or services of Dellavalle Laboratory, Inc., it will be submitted to mediation under the Rules and Procedures of Creative Alternative to Litigation, Inc. (cal). If the dispute is not resolved in mediation, then the dispute will be submitted to binding arbitration through cal under its Rules and Procedures. The prties will equally bear the costs of mediation/arbitration. If, however, the mediator declares that no legitimate dispute exists, then debtor will pay all mediation and arbitration costs, and in the event of arbitration, reasonable attorneys' fees of Dellavalle Laboratory.

Invoicing Information:

Sampling Hrs ____ Miles ____ Consulting ____

Amt Paid ____ Rec By ____ Check No. ____

Shipping

$ ____ In
$ ____ Out

Date ____

Signature ____

Sample received in cooler with ice?
[ ] Yes [ ] No

ctl:update 2020

Shipping Information: Shipped In ☐ Picked-Up ☑ Walk In ☐ DLI Sampler ☐ Other ☐ _____

Container: Ice Chest ☑ Box ☐ None ☐ | **Refrigerant:** Wet Ice ☑ Blue Ice ☐ None ☐

Samples Preserved with HNO_3 or H_2SO_4 were: ☐ Received Preserved ☐ Preserved Upon Receipt at Laboratory

Type of Container(s) Received		Sample Number 1	2	3	4	5	6	7	8	9	10
Sample Containers for Internal (DLI) Use *(Containers that go into the Lab)*											
Plastics	100 mL sterile plastic $Na_2S_2O_3$ (Green)										
	250 mL unpreserved (White) Plastic										
	250 mL HNO_3 (Red) Plastic										
	* pH Value										
	250 mL H_2SO_4 (Yellow) Plastic										
	* pH Value										
	500 mL unpreserved (White) Plastic										
	1 L unpreserved (White) Plastic	1	1								
	1 L unpreserved (BOD) (Purple) Plastic										
"	500mL unpreserved (White) Glass										
	PO4-P Kit										
	Other:										
Sample Containers for Subcontracted ("Send Out") Analyses *(Containers that go in the Subcontract ("Send Out") Refrigerator)*											
Plastics	100 mL sterile plastic $Na_2S_2O_3$ (Green)										
	250 mL unpreserved (White) Plastic										
	250 mL HNO_3 (Red) Plastic										
	250 mL H_2SO_4 (Yellow) Plastic										
	500 mL HNO_3 (Red)										
	1 L unpreserved (White) Plastic										
	1 L unpreserved (BOD) (Purple) Plastic										
	1 L HNO_3 (Red)										
VOA Vials	40 mL AG VOA, $Na_2S_2O_3$ + MCAA										
	40 mL AG VOA, $Na_2S_2O_3$										
	40mL AG VOA unpreserved (White) (Set of 3										
	40 mL AG VOA, $Na_2S_2O_3$ (Green) (Set of 3)										
	40mL VOA, H_3PO_4 (Set of 3)										
	40 mL VOA, HCl (Blue) (Set of 3)										
	40 mL VOA, $Na_2S_2O_3$ (Green) (Set of 3)										
Glass	250 mL AG unpreserved (White)										
	250 mL AG H_2SO_4 (Yellow)										
	250 mL AG $Na_2S_2O_3$ (Green)										
	250 mL AG $Na_2S_2O_3$ + MCAA										
	500 mL glass unpreserved (White)										
	500 mL AG HCl (Blue)										
	1 L AG unpreserved (White)										
	1 L AG H_2SO_4 (Yellow)										
	1 L AG $Na_2S_2O_3$ (Green)										
	1 L AG HCl (Blue)										
Special	Cr^{6+} - 50mL Plastic w/Borate/HCO_3/CO_3										
	Cyanide - 500 mL NaOH										
	Asbestos - 1L P wrapped in foil (Set of 2)										
	Sulfide - 1 L **AG** or **P** NaOH + ZnAc										
	Chlorite/Bromate - 250 mL AG with EDA										
	HAA5 - 250mL AG Ammonium Chlorite										
	DO KIT										
	Other:										
	Other:										

12/07/23 15:35 23L0440

SEND OUT