Annual Report - General Order No. R5-2007-0035
Reporting period 01/01/2023 to 12/31/2023.

DAIRY FACILITY INFORMATION

A. NAME OF DAIRY OR BUSINESS OPERATING THE DAIRY: Tiberio Azevedo Dairy

Physical address of dairy:

Number and Street	City	County	Zip Code
21480 August AVE	Hilmar	Merced	95324

Street and nearest cross street (if no address):

Date facility was originally placed in operation: 01/01/1980

Regional Water Quality Control Board Basin Plan designation: San Joaquin River Basin

County Assessor Parcel Number(s) for dairy facility:

X045-X140-X049-XXXX

B. OPERATORS

Azevedo, Henry or Emanuel

Operator name: Azevedo, Henry or Emanuel

Telephone no.: (209) 678-3074 Landline, (209) 678-3074 Cellular

Mailing Address Number and Street	City	State	Zip Code
21480 August AVE	Hilmar	CA	95324

Azevedo, Tiberio

Operator name: Azevedo, Tiberio

Telephone no.: (209) 678-3074 Landline, (209) 678-3074 Cellular

Mailing Address Number and Street	City	State	Zip Code
21480 August AVE	Hilmar	CA	95324

This operator is responsible for paying permit fees.

C. OWNERS

Azevedo, Tiberio

Legal owner name:	Azevedo, Tiberio	Telephone no.:	(209) 678-3074	(209) 678-3074
			Landline	Cellular
21480 August AVE		Hilmar	CA	95324
Mailing Address Number and Street		City	State	Zip Code

This owner is responsible for paying permit fees.

Annual Report - General Order No. R5-2007-0035
Reporting period 01/01/2023 to 12/31/2023.

AVAILABLE NUTRIENTS

A. HERD INFORMATION

	Milk Cows	Dry Cows	Bred Heifers (15-24 mo.)	Heifers (7-14 mo. to breeding)	Calves (4-6 mo.)	Calves (0-3 mo.)
Number open confinement	0	104	453	209	76	122
Number under roof	809	0	0	0	0	0
Maximum number	809	104	454	210	76	122
Average number	809	104	454	210	76	122
Avg live weight (lbs)	1,450	1,500	1,100	850		

Predominant milk cow breed: Holstein

Average milk production: 70 *pounds per cow per day*

B. MANURE GENERATED

Total manure excreted by the herd: 29,965.82 *tons per reporting period*

Total nitrogen from manure: 363,433.90 *lbs per reporting period*

After ammonia losses (30% loss applied): 254,403.73 *lbs per reporting period*

Total phosphorus from manure: 59,817.94 *lbs per reporting period*

Total potassium from manure: 154,930.96 *lbs per reporting period*

Total salt from manure: 404,832.45 *lbs per reporting period*

C. PROCESS WASTEWATER GENERATED

Process wastewater generated: 19,793,100 *gallons*

Total nitrogen generated: 70,234.12 *lbs*

Total phosphorus generated: 9,118.45 *lbs*

Total potassium generated: 104,185.96 *lbs*

Total salt generated: 542,824.22 *lbs*

	6,020,000	*gallons applied*
+	13,773,100	*gallons exported*
-	0	*gallons imported*
=	19,793,100	*gallons generated*

D. FRESH WATER SOURCES

Source Description	Type
Domestic Well - Booker Well	Ground water
Domestic Well - Grandma's Well	Ground water
Domestic Well - Well #1	Ground water
Domestic Well - Well #2	Ground water
Irrigation Water	Surface water

Source Description	Type
Irrigation Water - Canal	Surface water

E. SUBSURFACE (TILE) DRAINAGE SOURCES

No subsurface (tile) drainage sources entered.

F. NUTRIENT IMPORTS

No dry manure nutrient imports entered.

No process wastewater nutrient imports entered.

No commercial or other nutrient imports entered.

G. NUTRIENT EXPORTS

No solid nutrient exports entered.

Date	Material type	Quantity	Kjeldahl-N (mg/L)	Ammonium-N (mg/L)	Ammonia-N (mg/L)	Nitrate-N (mg/L)	P (mg/L)	K (mg/L)	EC (µmhos/cm)	TDS (mg/L)
07/10/2023	Process wastewater	336,000.00 *gal*	116.00	35.50	0.00	0.20	25.70	128.00		967
08/12/2023	Process wastewater	2,142,000.00 *gal*	808.00	425.00	0.00	1.90	77.70	915.00		4,100
08/19/2023	Process wastewater	6,586,050.00 *gal*	302.00	203.00	0.00	0.00	47.20	622.00		3,500
08/25/2023	Process wastewater	2,408,800.00 *gal*	302.00	203.00	0.00	0.00	47.20	622.00		3,500
08/26/2023	Process wastewater	2,300,250.00 *gal*	237.00	166.00	0.00	0.30	57.10	369.00		2,250

Material type	Total N (lbs)	Total P (lbs)	Total K (lbs)	Total salt (lbs)
Dry manure	0.00	0.00	0.00	0.00
Process wastewater	42,026.61	6,099.94	70,486.27	381,906.00
Total exports for all materials	42,026.61	6,099.94	70,486.27	381,906.00

APPLICATION AREA

A. LIST OF LAND APPLICATION AREAS

Field name	Controlled acres	Cropable acres	Total harvests	Type of waste applied	Parcel number
August	29	29	2	manure	X045-X150-X011-XXXX X045-X150-X012-XXXX
Gemperle	60	60	2	manure	X045-X150-X008-XXXX X045-X150-X052-XXXX
Golf	35	35	2	manure	X045-X150-X008-XXXX
Grammas	19	19	2	manure	X045-X190-X047-XXXX
High	24	24	2	manure	X045-X150-X052-XXXX
Home	55	55	2	process wastewater	X045-X140-X049-XXXX X045-X140-X058-XXXX
Veeck	13	13	2	manure	X045-X150-X077-XXXX
Totals for areas that were used for application	235	235	14		
Totals for areas that were not used for application					
Land application area totals	235	235	14		

B. CROPS AND HARVESTS

August

Field name: August

11/12/2022: Oats, silage-soft dough

Crop: Oats, silage-soft dough Acres planted: 29 Plant date: 11/12/2022

Harvest date	Yield	Reporting basis	Density (lbs/cu ft)	Moisture (%)	N (mg/kg)	P (mg/kg)	K (mg/kg)	Salt (mg/kg)	TFS (%)
04/23/2023	343.00 *ton*	Dry-weight		67.0	17,400.00	3,300.00	24,600.00		10.50

	Yield (tons/acre)	Total N (lbs/acre)	Total P (lbs/acre)	Total K (lbs/acre)	Salt (lbs/acre)
Anticipated harvest content	16.00	160.00	25.60	132.80	0.00
Total actual harvest content	11.83	135.83	25.76	192.03	819.65

August

05/21/2023: Corn, silage

Crop: Corn, silage Acres planted: 29 Plant date: 05/21/2023

Harvest date	Yield	Reporting basis	Density (lbs/cu ft)	Moisture (%)	N (mg/kg)	P (mg/kg)	K (mg/kg)	Salt (mg/kg)	TFS (%)
09/12/2023	923.00 *ton*	Dry-weight		55.5	9,900.00	1,800.00	7,500.00		3.90

	Yield (tons/acre)	Total N (lbs/acre)	Total P (lbs/acre)	Total K (lbs/acre)	Salt (lbs/acre)
Anticipated harvest content	30.00	240.00	45.00	198.00	0.00
Total actual harvest content	31.83	280.43	50.99	212.45	1,104.74

Gemperle

Field name: Gemperle

11/12/2022: Oats, silage-soft dough

Crop: Oats, silage-soft dough Acres planted: 60 Plant date: 11/12/2022

Harvest date	Yield	Reporting basis	Density (lbs/cu ft)	Moisture (%)	N (mg/kg)	P (mg/kg)	K (mg/kg)	Salt (mg/kg)	TFS (%)
04/23/2023	716.00 *ton*	Dry-weight		67.4	18,100.00	3,400.00	25,200.00		10.30

	Yield (tons/acre)	Total N (lbs/acre)	Total P (lbs/acre)	Total K (lbs/acre)	Salt (lbs/acre)
Anticipated harvest content	16.00	160.00	25.60	132.80	0.00
Total actual harvest content	11.93	140.83	26.45	196.07	801.39

05/21/2023: Corn, silage

Crop: Corn, silage Acres planted: 60 Plant date: 05/21/2023

Harvest date	Yield	Reporting basis	Density (lbs/cu ft)	Moisture (%)	N (mg/kg)	P (mg/kg)	K (mg/kg)	Salt (mg/kg)	TFS (%)
09/12/2023	1,919.00 *ton*	Dry-weight		55.9	9,500.00	2,600.00	8,000.00		4.20

	Yield (tons/acre)	Total N (lbs/acre)	Total P (lbs/acre)	Total K (lbs/acre)	Salt (lbs/acre)
Anticipated harvest content	30.00	240.00	45.00	198.00	0.00
Total actual harvest content	31.98	267.99	73.34	225.67	1,184.79

Golf

Field name: Golf

11/12/2022: Oats, silage-soft dough

Crop: Oats, silage-soft dough Acres planted: 35 Plant date: 11/12/2022

Harvest date	Yield	Reporting basis	Density (lbs/cu ft)	Moisture (%)	N (mg/kg)	P (mg/kg)	K (mg/kg)	Salt (mg/kg)	TFS (%)
04/23/2023	397.00 *ton*	Dry-weight		67.4	16,500.00	3,200.00	24,700.00		7.50

	Yield (tons/acre)	Total N (lbs/acre)	Total P (lbs/acre)	Total K (lbs/acre)	Salt (lbs/acre)
Anticipated harvest content	16.00	160.00	25.60	132.80	0.00
Total actual harvest content	11.34	122.03	23.67	182.67	554.67

05/21/2023: Corn, silage

Crop: Corn, silage Acres planted: 35 Plant date: 05/21/2023

Harvest date	Yield	Reporting basis	Density (lbs/cu ft)	Moisture (%)	N (mg/kg)	P (mg/kg)	K (mg/kg)	Salt (mg/kg)	TFS (%)
09/12/2023	1,109.00 *ton*	Dry-weight		55.0	10,400.00	1,900.00	6,900.00		3.90

	Yield (tons/acre)	Total N (lbs/acre)	Total P (lbs/acre)	Total K (lbs/acre)	Salt (lbs/acre)
Anticipated harvest content	30.00	240.00	45.00	198.00	0.00
Total actual harvest content	31.69	296.58	54.18	196.77	1,112.17

Grammas

Field name: Grammas

11/18/2022: Oats, silage-soft dough

Crop: Oats, silage-soft dough Acres planted: 19 Plant date: 11/18/2022

Harvest date	Yield	Reporting basis	Density (lbs/cu ft)	Moisture (%)	N (mg/kg)	P (mg/kg)	K (mg/kg)	Salt (mg/kg)	TFS (%)
04/23/2023	201.00 *ton*	Dry-weight		67.2	16,500.00	3,000.00	23,700.00		7.60

	Yield (tons/acre)	Total N (lbs/acre)	Total P (lbs/acre)	Total K (lbs/acre)	Salt (lbs/acre)
Anticipated harvest content	16.00	160.00	25.60	132.80	0.00
Total actual harvest content	10.58	114.51	20.82	164.47	527.42

Grammas

05/16/2023: Corn, silage

Crop: Corn, silage Acres planted: 19 Plant date: 05/16/2023

Harvest date	Yield	Reporting basis	Density (lbs/cu ft)	Moisture (%)	N (mg/kg)	P (mg/kg)	K (mg/kg)	Salt (mg/kg)	TFS (%)
09/12/2023	589.00 *ton*	Dry-weight		56.2	11,300.00	2,300.00	6,200.00		3.80

	Yield (tons/acre)	Total N (lbs/acre)	Total P (lbs/acre)	Total K (lbs/acre)	Salt (lbs/acre)
Anticipated harvest content	30.00	240.00	45.00	198.00	0.00
Total actual harvest content	31.00	306.86	62.46	168.37	1,031.93

High

Field name: High

11/12/2022: Oats, silage-soft dough

Crop: Oats, silage-soft dough Acres planted: 24 Plant date: 11/12/2022

Harvest date	Yield	Reporting basis	Density (lbs/cu ft)	Moisture (%)	N (mg/kg)	P (mg/kg)	K (mg/kg)	Salt (mg/kg)	TFS (%)
04/23/2023	277.00 *ton*	Dry-weight		67.0	16,400.00	2,900.00	23,100.00		7.40

	Yield (tons/acre)	Total N (lbs/acre)	Total P (lbs/acre)	Total K (lbs/acre)	Salt (lbs/acre)
Anticipated harvest content	16.00	160.00	25.60	132.80	0.00
Total actual harvest content	11.54	124.93	22.09	175.96	563.70

05/21/2023: Corn, silage

Crop: Corn, silage Acres planted: 24 Plant date: 05/21/2023

Harvest date	Yield	Reporting basis	Density (lbs/cu ft)	Moisture (%)	N (mg/kg)	P (mg/kg)	K (mg/kg)	Salt (mg/kg)	TFS (%)
09/12/2023	761.00 *ton*	Dry-weight		55.8	11,000.00	2,300.00	7,500.00		4.10

	Yield (tons/acre)	Total N (lbs/acre)	Total P (lbs/acre)	Total K (lbs/acre)	Salt (lbs/acre)
Anticipated harvest content	30.00	240.00	45.00	198.00	0.00
Total actual harvest content	31.71	308.33	64.47	210.23	1,149.24

Home

Field name: Home

11/18/2022: Oats, silage-soft dough

Crop: Oats, silage-soft dough Acres planted: 55 Plant date: 11/18/2022

Harvest date	Yield	Reporting basis	Density (lbs/cu ft)	Moisture (%)	N (mg/kg)	P (mg/kg)	K (mg/kg)	Salt (mg/kg)	TFS (%)
04/23/2023	600.00 *ton*	Dry-weight		65.7	15,500.00	3,000.00	22,900.00		7.10

	Yield (tons/acre)	Total N (lbs/acre)	Total P (lbs/acre)	Total K (lbs/acre)	Salt (lbs/acre)
Anticipated harvest content	16.00	160.00	25.60	132.80	0.00
Total actual harvest content	10.91	116.00	22.45	171.38	531.34

05/16/2023: Corn, silage

Crop: Corn, silage Acres planted: 55 Plant date: 05/16/2023

Harvest date	Yield	Reporting basis	Density (lbs/cu ft)	Moisture (%)	N (mg/kg)	P (mg/kg)	K (mg/kg)	Salt (mg/kg)	TFS (%)
09/12/2023	1,722.00 *ton*	Dry-weight		57.3	9,700.00	2,600.00	7,500.00		4.40

	Yield (tons/acre)	Total N (lbs/acre)	Total P (lbs/acre)	Total K (lbs/acre)	Salt (lbs/acre)
Anticipated harvest content	30.00	240.00	45.00	198.00	0.00
Total actual harvest content	31.31	259.36	69.52	200.53	1,176.47

Veeck

Field name: Veeck

11/12/2022: Oats, silage-soft dough

Crop: Oats, silage-soft dough Acres planted: 13 Plant date: 11/12/2022

Harvest date	Yield	Reporting basis	Density (lbs/cu ft)	Moisture (%)	N (mg/kg)	P (mg/kg)	K (mg/kg)	Salt (mg/kg)	TFS (%)
09/12/2023	152.00 *ton*	Dry-weight		66.1	15,200.00	2,900.00	23,200.00		7.00

	Yield (tons/acre)	Total N (lbs/acre)	Total P (lbs/acre)	Total K (lbs/acre)	Salt (lbs/acre)
Anticipated harvest content	16.00	160.00	25.60	132.80	0.00
Total actual harvest content	11.69	120.50	22.99	183.92	554.92

Veeck

05/21/2023: Corn, silage

Crop: Corn, silage Acres planted: 13 Plant date: 05/21/2023

Harvest date	Yield	Reporting basis	Density (lbs/cu ft)	Moisture (%)	N (mg/kg)	P (mg/kg)	K (mg/kg)	Salt (mg/kg)	TFS (%)
09/12/2023	415.00 *ton*	Dry-weight		59.1	7,800.00	2,600.00	7,500.00		3.90

	Yield (tons/acre)	Total N (lbs/acre)	Total P (lbs/acre)	Total K (lbs/acre)	Salt (lbs/acre)
Anticipated harvest content	30.00	240.00	45.00	198.00	0.00
Total actual harvest content	31.92	203.68	67.89	195.85	1,018.41

NUTRIENT BUDGET

A. LAND APPLICATIONS

August - 11/12/2022: Oats, silage-soft dough

Field name: August

Crop: Oats, silage-soft dough — Plant date: 11/12/2022

Application date	Application method	Precipitation 24 hours prior	Precipitation during application	Precipitation 24 hours following
11/02/2022	Surface (irrigation)	No precipitation	No precipitation	No precipitation

Source description	Material type	N (lbs/acre)	P (lbs/acre)	K (lbs/acre)	Salt (lbs/acre)	Amount
Irrigation Water - Canal	Surface water	0.00	0.00	0.00	37.55	4,209,375.00 *gal*
Application event totals		0.00	0.00	0.00	37.55	

Application date	Application method	Precipitation 24 hours prior	Precipitation during application	Precipitation 24 hours following
03/13/2023	Surface (irrigation)	No precipitation	No precipitation	No precipitation

Source description	Material type	N (lbs/acre)	P (lbs/acre)	K (lbs/acre)	Salt (lbs/acre)	Amount
Irrigation Water - Canal	Surface water	0.00	0.00	0.00	33.64	3,771,600.00 *gal*
Application event totals		0.00	0.00	0.00	33.64	

Application date	Application method	Precipitation 24 hours prior	Precipitation during application	Precipitation 24 hours following
10/14/2023	Broadcast/incorporate	No precipitation	No precipitation	No precipitation

Source description	Material type	N (lbs/acre)	P (lbs/acre)	K (lbs/acre)	Salt (lbs/acre)	Amount
Solid Manure	Corral solids	182.44	28.12	35.66	0.00	510.00 *ton*
Application event totals		182.44	28.12	35.66	0.00	

August - 05/21/2023: Corn, silage

Field name: August

Crop: Corn, silage — Plant date: 05/21/2023

Application date	Application method	Precipitation 24 hours prior	Precipitation during application	Precipitation 24 hours following
05/10/2023	Broadcast/incorporate	No precipitation	No precipitation	No precipitation

Source description	Material type	N (lbs/acre)	P (lbs/acre)	K (lbs/acre)	Salt (lbs/acre)	Amount
Solid Manure	Corral solids	310.63	144.68	608.49	0.00	1,000.00 *ton*
Application event totals		310.63	144.68	608.49	0.00	

August - 05/21/2023: Corn, silage

Application date	Application method	Precipitation 24 hours prior	Precipitation during application	Precipitation 24 hours following
05/16/2023	Surface (irrigation)	No precipitation	No precipitation	No precipitation

Source description	Material type	N (lbs/acre)	P (lbs/acre)	K (lbs/acre)	Salt (lbs/acre)	Amount
Irrigation Water - Canal	Surface water	0.00	0.00	0.00	47.76	5,354,325.00 *gal*
Application event totals		0.00	0.00	0.00	47.76	

Application date	Application method	Precipitation 24 hours prior	Precipitation during application	Precipitation 24 hours following
06/15/2023	Surface (irrigation)	No precipitation	No precipitation	No precipitation

Source description	Material type	N (lbs/acre)	P (lbs/acre)	K (lbs/acre)	Salt (lbs/acre)	Amount
Irrigation Water - Canal	Surface water	0.00	0.00	0.00	44.46	4,983,900.00 *gal*
Application event totals		0.00	0.00	0.00	44.46	

Application date	Application method	Precipitation 24 hours prior	Precipitation during application	Precipitation 24 hours following
06/29/2023	Surface (irrigation)	No precipitation	No precipitation	No precipitation

Source description	Material type	N (lbs/acre)	P (lbs/acre)	K (lbs/acre)	Salt (lbs/acre)	Amount
Irrigation Water - Canal	Surface water	0.00	0.00	0.00	44.76	5,017,575.00 *gal*
Application event totals		0.00	0.00	0.00	44.76	

Application date	Application method	Precipitation 24 hours prior	Precipitation during application	Precipitation 24 hours following
07/13/2023	Surface (irrigation)	No precipitation	No precipitation	No precipitation

Source description	Material type	N (lbs/acre)	P (lbs/acre)	K (lbs/acre)	Salt (lbs/acre)	Amount
Irrigation Water - Canal	Surface water	0.00	0.00	0.00	44.16	4,950,225.00 *gal*
Application event totals		0.00	0.00	0.00	44.16	

Application date	Application method	Precipitation 24 hours prior	Precipitation during application	Precipitation 24 hours following
07/27/2023	Surface (irrigation)	No precipitation	No precipitation	No precipitation

Source description	Material type	N (lbs/acre)	P (lbs/acre)	K (lbs/acre)	Salt (lbs/acre)	Amount
Irrigation Water - Canal	Surface water	0.00	0.00	0.00	41.45	4,647,150.00 *gal*
Application event totals		0.00	0.00	0.00	41.45	

Application date	Application method	Precipitation 24 hours prior	Precipitation during application	Precipitation 24 hours following
08/10/2023	Surface (irrigation)	No precipitation	No precipitation	No precipitation

Source description	Material type	N (lbs/acre)	P (lbs/acre)	K (lbs/acre)	Salt (lbs/acre)	Amount
Irrigation Water - Canal	Surface water	0.00	0.00	0.00	40.85	4,579,800.00 *gal*
Application event totals		0.00	0.00	0.00	40.85	

August - 05/21/2023: Corn, silage

Application date	Application method	Precipitation 24 hours prior	Precipitation during application	Precipitation 24 hours following
08/24/2023	Surface (irrigation)	No precipitation	No precipitation	No precipitation

Source description	Material type	N (lbs/acre)	P (lbs/acre)	K (lbs/acre)	Salt (lbs/acre)	Amount
Irrigation Water - Canal	Surface water	0.00	0.00	0.00	41.15	4,613,475.00 *gal*
Application event totals		0.00	0.00	0.00	41.15	

Gemperle - 11/12/2022: Oats, silage-soft dough

Field name: Gemperle

Crop: Oats, silage-soft dough

Plant date: 11/12/2022

Application date	Application method	Precipitation 24 hours prior	Precipitation during application	Precipitation 24 hours following
11/02/2022	Surface (irrigation)	No precipitation	No precipitation	No precipitation

Source description	Material type	N (lbs/acre)	P (lbs/acre)	K (lbs/acre)	Salt (lbs/acre)	Amount
Irrigation Water - Canal	Surface water	0.00	0.00	0.00	36.30	8,418,750.00 *gal*
Application event totals		0.00	0.00	0.00	36.30	

Application date	Application method	Precipitation 24 hours prior	Precipitation during application	Precipitation 24 hours following
03/13/2023	Surface (irrigation)	No precipitation	No precipitation	No precipitation

Source description	Material type	N (lbs/acre)	P (lbs/acre)	K (lbs/acre)	Salt (lbs/acre)	Amount
Irrigation Water - Canal	Surface water	0.00	0.00	0.00	35.43	8,216,700.00 *gal*
Application event totals		0.00	0.00	0.00	35.43	

Application date	Application method	Precipitation 24 hours prior	Precipitation during application	Precipitation 24 hours following
10/14/2023	Broadcast/incorporate	No precipitation	No precipitation	No precipitation

Source description	Material type	N (lbs/acre)	P (lbs/acre)	K (lbs/acre)	Salt (lbs/acre)	Amount
Solid Manure	Corral solids	181.55	27.98	35.49	0.00	1,050.00 *ton*
Application event totals		181.55	27.98	35.49	0.00	

Gemperle - 05/21/2023: Corn, silage

Field name: Gemperle

Crop: Corn, silage

Plant date: 05/21/2023

Gemperle - 05/21/2023: Corn, silage

Application date	Application method	Precipitation 24 hours prior	Precipitation during application	Precipitation 24 hours following
05/10/2023	Broadcast/incorporate	No precipitation	No precipitation	No precipitation

Source description	Material type	N (lbs/acre)	P (lbs/acre)	K (lbs/acre)	Salt (lbs/acre)	Amount
Solid Manure	Corral solids	360.33	167.82	705.85	0.00	2,400.00 *ton*
Application event totals		360.33	167.82	705.85	0.00	

05/16/2023	Surface (irrigation)	No precipitation	No precipitation	No precipitation

Source description	Material type	N (lbs/acre)	P (lbs/acre)	K (lbs/acre)	Salt (lbs/acre)	Amount
Irrigation Water - Canal	Surface water	0.00	0.00	0.00	40.51	9,395,325.00 *gal*
Application event totals		0.00	0.00	0.00	40.51	

06/15/2023	Surface (irrigation)	No precipitation	No precipitation	No precipitation

Source description	Material type	N (lbs/acre)	P (lbs/acre)	K (lbs/acre)	Salt (lbs/acre)	Amount
Irrigation Water - Canal	Surface water	0.00	0.00	0.00	38.33	8,890,200.00 *gal*
Application event totals		0.00	0.00	0.00	38.33	

06/29/2023	Surface (irrigation)	No precipitation	No precipitation	No precipitation

Source description	Material type	N (lbs/acre)	P (lbs/acre)	K (lbs/acre)	Salt (lbs/acre)	Amount
Irrigation Water - Canal	Surface water	0.00	0.00	0.00	45.88	10,641,300.00 *gal*
Application event totals		0.00	0.00	0.00	45.88	

07/13/2023	Surface (irrigation)	No precipitation	No precipitation	No precipitation

Source description	Material type	N (lbs/acre)	P (lbs/acre)	K (lbs/acre)	Salt (lbs/acre)	Amount
Irrigation Water - Canal	Surface water	0.00	0.00	0.00	44.72	10,371,900.00 *gal*
Application event totals		0.00	0.00	0.00	44.72	

07/27/2023	Surface (irrigation)	No precipitation	No precipitation	No precipitation

Source description	Material type	N (lbs/acre)	P (lbs/acre)	K (lbs/acre)	Salt (lbs/acre)	Amount
Irrigation Water - Canal	Surface water	0.00	0.00	0.00	44.14	10,237,200.00 *gal*
Application event totals		0.00	0.00	0.00	44.14	

Gemperle - 05/21/2023: Corn, silage

Application date	Application method	Precipitation 24 hours prior	Precipitation during application	Precipitation 24 hours following
08/10/2023	Surface (irrigation)	No precipitation	No precipitation	No precipitation

Source description	Material type	N (lbs/acre)	P (lbs/acre)	K (lbs/acre)	Salt (lbs/acre)	Amount
Irrigation Water - Canal	Surface water	0.00	0.00	0.00	40.36	9,361,650.00 *gal*
Application event totals		0.00	0.00	0.00	40.36	

08/24/2023	Surface (irrigation)	No precipitation	No precipitation	No precipitation

Source description	Material type	N (lbs/acre)	P (lbs/acre)	K (lbs/acre)	Salt (lbs/acre)	Amount
Irrigation Water - Canal	Surface water	0.00	0.00	0.00	41.23	9,563,700.00 *gal*
Application event totals		0.00	0.00	0.00	41.23	

Golf - 11/12/2022: Oats, silage-soft dough

Field name: Golf

Crop: Oats, silage-soft dough

Plant date: 11/12/2022

Application date	Application method	Precipitation 24 hours prior	Precipitation during application	Precipitation 24 hours following
11/03/2022	Surface (irrigation)	No precipitation	No precipitation	No precipitation

Source description	Material type	N (lbs/acre)	P (lbs/acre)	K (lbs/acre)	Salt (lbs/acre)	Amount
Irrigation Water - Canal	Surface water	0.00	0.00	0.00	36.84	4,983,900.00 *gal*
Application event totals		0.00	0.00	0.00	36.84	

03/14/2023	Surface (irrigation)	No precipitation	No precipitation	No precipitation

Source description	Material type	N (lbs/acre)	P (lbs/acre)	K (lbs/acre)	Salt (lbs/acre)	Amount
Irrigation Water - Canal	Surface water	0.00	0.00	0.00	34.10	4,613,475.00 *gal*
Application event totals		0.00	0.00	0.00	34.10	

10/14/2023	Broadcast/incorporate	No precipitation	No precipitation	No precipitation

Source description	Material type	N (lbs/acre)	P (lbs/acre)	K (lbs/acre)	Salt (lbs/acre)	Amount
Solid Manure	Corral solids	162.15	75.52	317.63	0.00	630.00 *ton*
Application event totals		162.15	75.52	317.63	0.00	

Golf - 05/21/2023: Corn, silage

Field name: Golf

Crop: Corn, silage

Plant date: 05/21/2023

Application date	Application method	Precipitation 24 hours prior	Precipitation during application	Precipitation 24 hours following
05/10/2023	Broadcast/incorporate	No precipitation	No precipitation	No precipitation

Source description	Material type	N (lbs/acre)	P (lbs/acre)	K (lbs/acre)	Salt (lbs/acre)	Amount
Solid Manure	Corral solids	321.72	149.84	630.22	0.00	1,250.00 *ton*
Application event totals		321.72	149.84	630.22	0.00	

05/17/2023	Surface (irrigation)	No precipitation	No precipitation	No precipitation

Source description	Material type	N (lbs/acre)	P (lbs/acre)	K (lbs/acre)	Salt (lbs/acre)	Amount
Irrigation Water - Canal	Surface water	0.00	0.00	0.00	46.30	6,263,550.00 *gal*
Application event totals		0.00	0.00	0.00	46.30	

06/16/2023	Surface (irrigation)	No precipitation	No precipitation	No precipitation

Source description	Material type	N (lbs/acre)	P (lbs/acre)	K (lbs/acre)	Salt (lbs/acre)	Amount
Irrigation Water - Canal	Surface water	0.00	0.00	0.00	43.06	5,825,775.00 *gal*
Application event totals		0.00	0.00	0.00	43.06	

06/30/2023	Surface (irrigation)	No precipitation	No precipitation	No precipitation

Source description	Material type	N (lbs/acre)	P (lbs/acre)	K (lbs/acre)	Salt (lbs/acre)	Amount
Irrigation Water - Canal	Surface water	0.00	0.00	0.00	42.56	5,758,425.00 *gal*
Application event totals		0.00	0.00	0.00	42.56	

07/14/2023	Surface (irrigation)	No precipitation	No precipitation	No precipitation

Source description	Material type	N (lbs/acre)	P (lbs/acre)	K (lbs/acre)	Salt (lbs/acre)	Amount
Irrigation Water - Canal	Surface water	0.00	0.00	0.00	42.31	5,724,750.00 *gal*
Application event totals		0.00	0.00	0.00	42.31	

07/28/2023	Surface (irrigation)	No precipitation	No precipitation	No precipitation

Source description	Material type	N (lbs/acre)	P (lbs/acre)	K (lbs/acre)	Salt (lbs/acre)	Amount
Irrigation Water - Canal	Surface water	0.00	0.00	0.00	39.58	5,354,325.00 *gal*
Application event totals		0.00	0.00	0.00	39.58	

Golf - 05/21/2023: Corn, silage

Application date	Application method	Precipitation 24 hours prior	Precipitation during application	Precipitation 24 hours following
08/11/2023	Surface (irrigation)	No precipitation	No precipitation	No precipitation

Source description	Material type	N (lbs/acre)	P (lbs/acre)	K (lbs/acre)	Salt (lbs/acre)	Amount
Irrigation Water - Canal	Surface water	0.00	0.00	0.00	39.82	5,388,000.00 *gal*
Application event totals		0.00	0.00	0.00	39.82	

08/25/2023	Surface (irrigation)	No precipitation	No precipitation	No precipitation

Source description	Material type	N (lbs/acre)	P (lbs/acre)	K (lbs/acre)	Salt (lbs/acre)	Amount
Irrigation Water - Canal	Surface water	0.00	0.00	0.00	40.57	5,489,025.00 *gal*
Application event totals		0.00	0.00	0.00	40.57	

Grammas - 11/18/2022: Oats, silage-soft dough

Field name: Grammas

Crop: Oats, silage-soft dough

Plant date: 11/18/2022

Application date	Application method	Precipitation 24 hours prior	Precipitation during application	Precipitation 24 hours following
11/02/2022	Surface (irrigation)	No precipitation	No precipitation	No precipitation

Source description	Material type	N (lbs/acre)	P (lbs/acre)	K (lbs/acre)	Salt (lbs/acre)	Amount
Irrigation Water - Canal	Surface water	0.00	0.00	0.00	39.43	2,896,050.00 *gal*
Application event totals		0.00	0.00	0.00	39.43	

03/14/2023	Surface (irrigation)	No precipitation	No precipitation	No precipitation

Source description	Material type	N (lbs/acre)	P (lbs/acre)	K (lbs/acre)	Salt (lbs/acre)	Amount
Irrigation Water - Canal	Surface water	0.00	0.00	0.00	39.89	2,929,725.00 *gal*
Application event totals		0.00	0.00	0.00	39.89	

10/12/2023	Broadcast/incorporate	No precipitation	No precipitation	No precipitation

Source description	Material type	N (lbs/acre)	P (lbs/acre)	K (lbs/acre)	Salt (lbs/acre)	Amount
Solid Manure	Corral solids	151.72	70.66	297.20	0.00	320.00 *ton*
Application event totals		151.72	70.66	297.20	0.00	

Grammas - 05/16/2023: Corn, silage

Field name: Grammas

Crop: Corn, silage

Plant date: 05/16/2023

Application date	Application method	Precipitation 24 hours prior	Precipitation during application	Precipitation 24 hours following
05/03/2023	Broadcast/incorporate	No precipitation	No precipitation	No precipitation

Source description	Material type	N (lbs/acre)	P (lbs/acre)	K (lbs/acre)	Salt (lbs/acre)	Amount
Solid Manure	Corral solids	331.88	154.57	650.12	0.00	700.00 *ton*
Application event totals		331.88	154.57	650.12	0.00	

Application date	Application method	Precipitation 24 hours prior	Precipitation during application	Precipitation 24 hours following
05/10/2023	Surface (irrigation)	No precipitation	No precipitation	No precipitation

Source description	Material type	N (lbs/acre)	P (lbs/acre)	K (lbs/acre)	Salt (lbs/acre)	Amount
Irrigation Water - Canal	Surface water	0.00	0.00	0.00	40.35	2,963,400.00 *gal*
Application event totals		0.00	0.00	0.00	40.35	

Application date	Application method	Precipitation 24 hours prior	Precipitation during application	Precipitation 24 hours following
06/09/2023	Surface (irrigation)	No precipitation	No precipitation	No precipitation

Source description	Material type	N (lbs/acre)	P (lbs/acre)	K (lbs/acre)	Salt (lbs/acre)	Amount
Irrigation Water - Canal	Surface water	0.00	0.00	0.00	39.43	2,896,050.00 *gal*
Application event totals		0.00	0.00	0.00	39.43	

Application date	Application method	Precipitation 24 hours prior	Precipitation during application	Precipitation 24 hours following
06/23/2023	Surface (irrigation)	No precipitation	No precipitation	No precipitation

Source description	Material type	N (lbs/acre)	P (lbs/acre)	K (lbs/acre)	Salt (lbs/acre)	Amount
Irrigation Water - Canal	Surface water	0.00	0.00	0.00	39.89	2,929,725.00 *gal*
Application event totals		0.00	0.00	0.00	39.89	

Application date	Application method	Precipitation 24 hours prior	Precipitation during application	Precipitation 24 hours following
07/07/2023	Surface (irrigation)	No precipitation	No precipitation	No precipitation

Source description	Material type	N (lbs/acre)	P (lbs/acre)	K (lbs/acre)	Salt (lbs/acre)	Amount
Irrigation Water - Canal	Surface water	0.00	0.00	0.00	40.35	2,963,400.00 *gal*
Application event totals		0.00	0.00	0.00	40.35	

Application date	Application method	Precipitation 24 hours prior	Precipitation during application	Precipitation 24 hours following
07/21/2023	Surface (irrigation)	No precipitation	No precipitation	No precipitation

Source description	Material type	N (lbs/acre)	P (lbs/acre)	K (lbs/acre)	Salt (lbs/acre)	Amount
Irrigation Water - Canal	Surface water	0.00	0.00	0.00	39.89	2,929,725.00 *gal*
Application event totals		0.00	0.00	0.00	39.89	

Grammas - 05/16/2023: Corn, silage

Application date	Application method	Precipitation 24 hours prior	Precipitation during application	Precipitation 24 hours following
08/04/2023	Surface (irrigation)	No precipitation	No precipitation	No precipitation

Source description	Material type	N (lbs/acre)	P (lbs/acre)	K (lbs/acre)	Salt (lbs/acre)	Amount
Irrigation Water - Canal	Surface water	0.00	0.00	0.00	40.81	2,997,075.00 *gal*
Application event totals		0.00	0.00	0.00	40.81	

08/18/2023	Surface (irrigation)	No precipitation	No precipitation	No precipitation

Source description	Material type	N (lbs/acre)	P (lbs/acre)	K (lbs/acre)	Salt (lbs/acre)	Amount
Irrigation Water - Canal	Surface water	0.00	0.00	0.00	41.72	3,064,425.00 *gal*
Application event totals		0.00	0.00	0.00	41.72	

High - 11/12/2022: Oats, silage-soft dough

Field name: High

Crop: Oats, silage-soft dough

Plant date: 11/12/2022

Application date	Application method	Precipitation 24 hours prior	Precipitation during application	Precipitation 24 hours following
11/03/2022	Surface (irrigation)	No precipitation	No precipitation	No precipitation

Source description	Material type	N (lbs/acre)	P (lbs/acre)	K (lbs/acre)	Salt (lbs/acre)	Amount
Irrigation Water - Canal	Surface water	0.00	0.00	0.00	33.39	3,098,100.00 *gal*
Application event totals		0.00	0.00	0.00	33.39	

03/14/2023	Surface (irrigation)	No precipitation	No precipitation	No precipitation

Source description	Material type	N (lbs/acre)	P (lbs/acre)	K (lbs/acre)	Salt (lbs/acre)	Amount
Irrigation Water - Canal	Surface water	0.00	0.00	0.00	31.94	2,963,400.00 *gal*
Application event totals		0.00	0.00	0.00	31.94	

10/14/2023	Broadcast/incorporate	No precipitation	No precipitation	No precipitation

Source description	Material type	N (lbs/acre)	P (lbs/acre)	K (lbs/acre)	Salt (lbs/acre)	Amount
Solid Manure	Corral solids	168.58	25.98	32.96	0.00	390.00 *ton*
Application event totals		168.58	25.98	32.96	0.00	

High - 05/21/2023: Corn, silage

Field name: High

Crop: Corn, silage

Plant date: 05/21/2023

Application date	Application method	Precipitation 24 hours prior	Precipitation during application	Precipitation 24 hours following
05/10/2023	Broadcast/incorporate	No precipitation	No precipitation	No precipitation

Source description	Material type	N (lbs/acre)	P (lbs/acre)	K (lbs/acre)	Salt (lbs/acre)	Amount
Solid Manure	Corral solids	330.30	153.84	647.03	0.00	880.00 *ton*
Application event totals		330.30	153.84	647.03	0.00	

Application date	Application method	Precipitation 24 hours prior	Precipitation during application	Precipitation 24 hours following
05/17/2023	Surface (irrigation)	No precipitation	No precipitation	No precipitation

Source description	Material type	N (lbs/acre)	P (lbs/acre)	K (lbs/acre)	Salt (lbs/acre)	Amount
Irrigation Water - Canal	Surface water	0.00	0.00	0.00	41.74	3,872,625.00 *gal*
Application event totals		0.00	0.00	0.00	41.74	

Application date	Application method	Precipitation 24 hours prior	Precipitation during application	Precipitation 24 hours following
06/16/2023	Surface (irrigation)	No precipitation	No precipitation	No precipitation

Source description	Material type	N (lbs/acre)	P (lbs/acre)	K (lbs/acre)	Salt (lbs/acre)	Amount
Irrigation Water - Canal	Surface water	0.00	0.00	0.00	42.11	3,906,300.00 *gal*
Application event totals		0.00	0.00	0.00	42.11	

Application date	Application method	Precipitation 24 hours prior	Precipitation during application	Precipitation 24 hours following
06/30/2023	Surface (irrigation)	No precipitation	No precipitation	No precipitation

Source description	Material type	N (lbs/acre)	P (lbs/acre)	K (lbs/acre)	Salt (lbs/acre)	Amount
Irrigation Water - Canal	Surface water	0.00	0.00	0.00	39.93	3,704,250.00 *gal*
Application event totals		0.00	0.00	0.00	39.93	

Application date	Application method	Precipitation 24 hours prior	Precipitation during application	Precipitation 24 hours following
07/14/2023	Surface (irrigation)	No precipitation	No precipitation	No precipitation

Source description	Material type	N (lbs/acre)	P (lbs/acre)	K (lbs/acre)	Salt (lbs/acre)	Amount
Irrigation Water - Canal	Surface water	0.00	0.00	0.00	40.65	3,771,600.00 *gal*
Application event totals		0.00	0.00	0.00	40.65	

Application date	Application method	Precipitation 24 hours prior	Precipitation during application	Precipitation 24 hours following
07/28/2023	Surface (irrigation)	No precipitation	No precipitation	No precipitation

Source description	Material type	N (lbs/acre)	P (lbs/acre)	K (lbs/acre)	Salt (lbs/acre)	Amount
Irrigation Water - Canal	Surface water	0.00	0.00	0.00	40.29	3,737,925.00 *gal*
Application event totals		0.00	0.00	0.00	40.29	

High - 05/21/2023: Corn, silage

Application date	Application method	Precipitation 24 hours prior	Precipitation during application	Precipitation 24 hours following
08/11/2023	Surface (irrigation)	No precipitation	No precipitation	No precipitation

Source description	Material type	N (lbs/acre)	P (lbs/acre)	K (lbs/acre)	Salt (lbs/acre)	Amount
Irrigation Water - Canal	Surface water	0.00	0.00	0.00	40.65	3,771,600.00 *gal*
Application event totals		0.00	0.00	0.00	40.65	

08/25/2023	Surface (irrigation)	No precipitation	No precipitation	No precipitation

Source description	Material type	N (lbs/acre)	P (lbs/acre)	K (lbs/acre)	Salt (lbs/acre)	Amount
Irrigation Water - Canal	Surface water	0.00	0.00	0.00	41.38	3,838,950.00 *gal*
Application event totals		0.00	0.00	0.00	41.38	

Home - 11/18/2022: Oats, silage-soft dough

Field name: Home

Crop: Oats, silage-soft dough

Plant date: 11/18/2022

Application date	Application method	Precipitation 24 hours prior	Precipitation during application	Precipitation 24 hours following
11/03/2022	Surface (irrigation)	No precipitation	No precipitation	No precipitation

Source description	Material type	N (lbs/acre)	P (lbs/acre)	K (lbs/acre)	Salt (lbs/acre)	Amount
Lagoon Water	Process wastewater	79.87	7.66	90.24	404.35	650,000.00 *gal*
Irrigation Water - Canal	Surface water	0.00	0.00	0.00	36.75	7,812,600.00 *gal*
Application event totals		79.87	7.66	90.24	441.10	

03/15/2023	Surface (irrigation)	No precipitation	No precipitation	No precipitation

Source description	Material type	N (lbs/acre)	P (lbs/acre)	K (lbs/acre)	Salt (lbs/acre)	Amount
Lagoon Water	Process wastewater	76.19	7.31	86.07	385.69	620,000.00 *gal*
Irrigation Water - Canal	Surface water	0.00	0.00	0.00	36.59	7,778,925.00 *gal*
Application event totals		76.19	7.31	86.07	422.28	

Home - 05/16/2023: Corn, silage

Home - 05/16/2023: Corn, silage

Field name: Home

Crop: Corn, silage

Plant date: 05/16/2023

Application date	Application method	Precipitation 24 hours prior	Precipitation during application	Precipitation 24 hours following
05/08/2023	Surface (irrigation)	No precipitation	No precipitation	No precipitation

Source description	Material type	N (lbs/acre)	P (lbs/acre)	K (lbs/acre)	Salt (lbs/acre)	Amount
Lagoon Water	Process wastewater	36.66	5.73	75.50	424.84	800,000.00 *gal*
Irrigation Water - Canal	Surface water	0.00	0.00	0.00	36.75	7,812,600.00 *gal*
Application event totals		36.66	5.73	75.50	461.58	

Application date	Application method	Precipitation 24 hours prior	Precipitation during application	Precipitation 24 hours following
06/26/2023	Surface (irrigation)	No precipitation	No precipitation	No precipitation

Source description	Material type	N (lbs/acre)	P (lbs/acre)	K (lbs/acre)	Salt (lbs/acre)	Amount
Lagoon Water	Process wastewater	97.69	9.37	110.37	494.56	795,000.00 *gal*
Irrigation Water - Canal	Surface water	0.00	0.00	0.00	37.06	7,879,950.00 *gal*
Application event totals		97.69	9.37	110.37	531.62	

Application date	Application method	Precipitation 24 hours prior	Precipitation during application	Precipitation 24 hours following
07/08/2023	Surface (irrigation)	No precipitation	No precipitation	No precipitation

Source description	Material type	N (lbs/acre)	P (lbs/acre)	K (lbs/acre)	Salt (lbs/acre)	Amount
Lagoon Water	Process wastewater	13.93	3.08	15.34	115.91	790,000.00 *gal*
Irrigation Water - Canal	Surface water	0.00	0.00	0.00	36.59	7,778,925.00 *gal*
Application event totals		13.93	3.08	15.34	152.50	

Application date	Application method	Precipitation 24 hours prior	Precipitation during application	Precipitation 24 hours following
07/20/2023	Surface (irrigation)	No precipitation	No precipitation	No precipitation

Source description	Material type	N (lbs/acre)	P (lbs/acre)	K (lbs/acre)	Salt (lbs/acre)	Amount
Lagoon Water	Process wastewater	13.75	3.04	15.15	114.44	780,000.00 *gal*
Irrigation Water - Canal	Surface water	0.00	0.00	0.00	36.91	7,846,275.00 *gal*
Application event totals		13.75	3.04	15.15	151.35	

Application date	Application method	Precipitation 24 hours prior	Precipitation during application	Precipitation 24 hours following
07/28/2023	Surface (irrigation)	No precipitation	No precipitation	No precipitation

Source description	Material type	N (lbs/acre)	P (lbs/acre)	K (lbs/acre)	Salt (lbs/acre)	Amount
Lagoon Water	Process wastewater	97.69	9.37	110.37	494.56	795,000.00 *gal*
Irrigation Water - Canal	Surface water	0.00	0.00	0.00	36.43	7,745,250.00 *gal*
Application event totals		97.69	9.37	110.37	530.99	

Home - 05/16/2023: Corn, silage

Application date	Application method	Precipitation 24 hours prior	Precipitation during application	Precipitation 24 hours following
08/03/2023	Surface (irrigation)	No precipitation	No precipitation	No precipitation

Source description	Material type	N (lbs/acre)	P (lbs/acre)	K (lbs/acre)	Salt (lbs/acre)	Amount
Irrigation Water - Canal	Surface water	0.00	0.00	0.00	37.22	7,913,625.00 *gal*
Application event totals		0.00	0.00	0.00	37.22	

Application date	Application method	Precipitation 24 hours prior	Precipitation during application	Precipitation 24 hours following
08/13/2023	Surface (irrigation)	No precipitation	No precipitation	No precipitation

Source description	Material type	N (lbs/acre)	P (lbs/acre)	K (lbs/acre)	Salt (lbs/acre)	Amount
Lagoon Water	Process wastewater	97.08	9.31	109.68	491.44	790,000.00 *gal*
Irrigation Water - Canal	Surface water	0.00	0.00	0.00	36.75	7,812,600.00 *gal*
Application event totals		97.08	9.31	109.68	528.19	

Application date	Application method	Precipitation 24 hours prior	Precipitation during application	Precipitation 24 hours following
08/26/2023	Surface (irrigation)	No precipitation	No precipitation	No precipitation

Source description	Material type	N (lbs/acre)	P (lbs/acre)	K (lbs/acre)	Salt (lbs/acre)	Amount
Irrigation Water - Canal	Surface water	0.00	0.00	0.00	37.38	7,947,300.00 *gal*
Application event totals		0.00	0.00	0.00	37.38	

Veeck - 11/12/2022: Oats, silage-soft dough

Field name: Veeck

Crop: Oats, silage-soft dough

Plant date: 11/12/2022

Application date	Application method	Precipitation 24 hours prior	Precipitation during application	Precipitation 24 hours following
11/03/2022	Surface (irrigation)	No precipitation	No precipitation	No precipitation

Source description	Material type	N (lbs/acre)	P (lbs/acre)	K (lbs/acre)	Salt (lbs/acre)	Amount
Irrigation Water - Canal	Surface water	0.00	0.00	0.00	36.19	1,818,450.00 *gal*
Application event totals		0.00	0.00	0.00	36.19	

Application date	Application method	Precipitation 24 hours prior	Precipitation during application	Precipitation 24 hours following
03/14/2023	Surface (irrigation)	No precipitation	No precipitation	No precipitation

Source description	Material type	N (lbs/acre)	P (lbs/acre)	K (lbs/acre)	Salt (lbs/acre)	Amount
Irrigation Water - Canal	Surface water	0.00	0.00	0.00	36.86	1,852,125.00 *gal*
Application event totals		0.00	0.00	0.00	36.86	

Veeck - 11/12/2022: Oats, silage-soft dough

Application date	Application method	Precipitation 24 hours prior	Precipitation during application	Precipitation 24 hours following
10/14/2023	Broadcast/incorporate	No precipitation	No precipitation	No precipitation

Source description	Material type	N (lbs/acre)	P (lbs/acre)	K (lbs/acre)	Salt (lbs/acre)	Amount
Solid Manure	Corral solids	159.60	24.60	31.20	0.00	200.00 *ton*
Application event totals		159.60	24.60	31.20	0.00	

Veeck - 05/21/2023: Corn, silage

Field name: Veeck

Crop: Corn, silage

Plant date: 05/21/2023

Application date	Application method	Precipitation 24 hours prior	Precipitation during application	Precipitation 24 hours following
05/10/2023	Broadcast/incorporate	No precipitation	No precipitation	No precipitation

Source description	Material type	N (lbs/acre)	P (lbs/acre)	K (lbs/acre)	Salt (lbs/acre)	Amount
Solid Manure	Corral solids	277.18	129.10	542.96	0.00	400.00 *ton*
Application event totals		277.18	129.10	542.96	0.00	

05/17/2023	Surface (irrigation)	No precipitation	No precipitation	No precipitation

Source description	Material type	N (lbs/acre)	P (lbs/acre)	K (lbs/acre)	Salt (lbs/acre)	Amount
Irrigation Water - Canal	Surface water	0.00	0.00	0.00	44.23	2,222,550.00 *gal*
Application event totals		0.00	0.00	0.00	44.23	

06/16/2023	Surface (irrigation)	No precipitation	No precipitation	No precipitation

Source description	Material type	N (lbs/acre)	P (lbs/acre)	K (lbs/acre)	Salt (lbs/acre)	Amount
Irrigation Water - Canal	Surface water	0.00	0.00	0.00	44.90	2,256,225.00 *gal*
Application event totals		0.00	0.00	0.00	44.90	

06/30/2023	Surface (irrigation)	No precipitation	No precipitation	No precipitation

Source description	Material type	N (lbs/acre)	P (lbs/acre)	K (lbs/acre)	Salt (lbs/acre)	Amount
Irrigation Water - Canal	Surface water	0.00	0.00	0.00	42.89	2,155,200.00 *gal*
Application event totals		0.00	0.00	0.00	42.89	

Veeck - 05/21/2023: Corn, silage

Application date	Application method	Precipitation 24 hours prior	Precipitation during application	Precipitation 24 hours following
07/14/2023	Surface (irrigation)	No precipitation	No precipitation	No precipitation

Source description	Material type	N (lbs/acre)	P (lbs/acre)	K (lbs/acre)	Salt (lbs/acre)	Amount
Irrigation Water - Canal	Surface water	0.00	0.00	0.00	42.22	2,121,525.00 *gal*
Application event totals		0.00	0.00	0.00	42.22	

Application date	Application method	Precipitation 24 hours prior	Precipitation during application	Precipitation 24 hours following
07/28/2023	Surface (irrigation)	No precipitation	No precipitation	No precipitation

Source description	Material type	N (lbs/acre)	P (lbs/acre)	K (lbs/acre)	Salt (lbs/acre)	Amount
Irrigation Water - Canal	Surface water	0.00	0.00	0.00	36.19	1,818,450.00 *gal*
Application event totals		0.00	0.00	0.00	36.19	

Application date	Application method	Precipitation 24 hours prior	Precipitation during application	Precipitation 24 hours following
08/11/2023	Surface (irrigation)	No precipitation	No precipitation	No precipitation

Source description	Material type	N (lbs/acre)	P (lbs/acre)	K (lbs/acre)	Salt (lbs/acre)	Amount
Irrigation Water - Canal	Surface water	0.00	0.00	0.00	36.86	1,852,125.00 *gal*
Application event totals		0.00	0.00	0.00	36.86	

Application date	Application method	Precipitation 24 hours prior	Precipitation during application	Precipitation 24 hours following
08/25/2023	Surface (irrigation)	No precipitation	No precipitation	No precipitation

Source description	Material type	N (lbs/acre)	P (lbs/acre)	K (lbs/acre)	Salt (lbs/acre)	Amount
Irrigation Water - Canal	Surface water	0.00	0.00	0.00	43.56	2,188,875.00 *gal*
Application event totals		0.00	0.00	0.00	43.56	

B. NUTRIENT BUDGET

August - 11/12/2022: Oats, silage-soft dough

Field name: August | Crop: Oats, silage-soft dough | Plant date: 11/12/2022

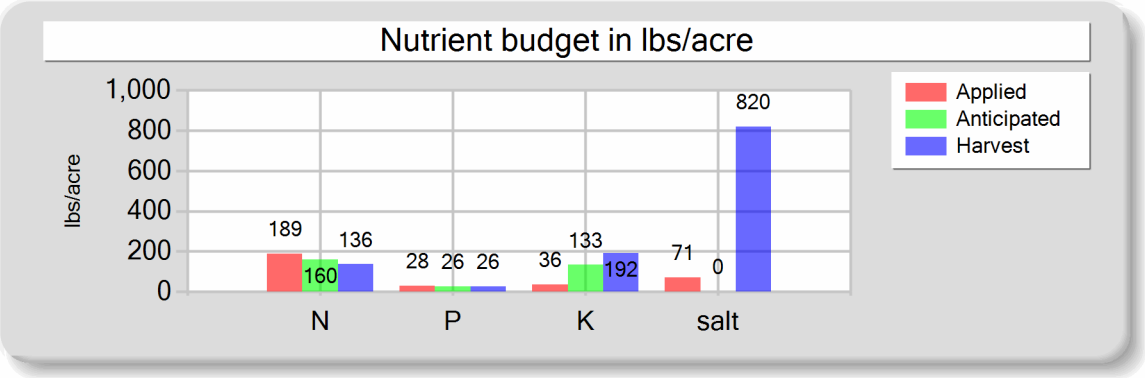

	Total N (lbs/acre)	Total P (lbs/acre)	Total K (lbs/acre)	Total salt (lbs/acre)
Existing soil nutrient content	0.00	0.00	0.00	0.00
Plowdown credit	0.00	0.00	0.00	0.00
Commercial fertilizer / Other	0.00	0.00	0.00	0.00
Dry manure	182.44	28.12	35.66	0.00
Process wastewater	0.00	0.00	0.00	0.00
Fresh water	0.00	0.00	0.00	71.19
Atmospheric deposition	7.00	0.00	0.00	0.00
Total nutrients applied	189.44	28.12	35.66	71.19
Anticipated crop nutrient removal	160.00	25.60	132.80	0.00
Actual crop nutrient removal	135.83	25.76	192.03	819.65
Nutrient balance	53.61	2.36	-156.37	-748.46
Applied to removed ratio	1.39	1.09	0.19	0.09

Fresh water applied	
7,980,975.00	*gallons*
293.91	*acre-inches*
10.13	*inches/acre*

Process wastewater applied	
0.00	*gallons*
0.00	*acre-inches*
0.00	*inches/acre*

Total harvests for the crop	
1	*harvests*

August - 05/21/2023: Corn, silage

Field name: August | Crop: Corn, silage | Plant date: 05/21/2023

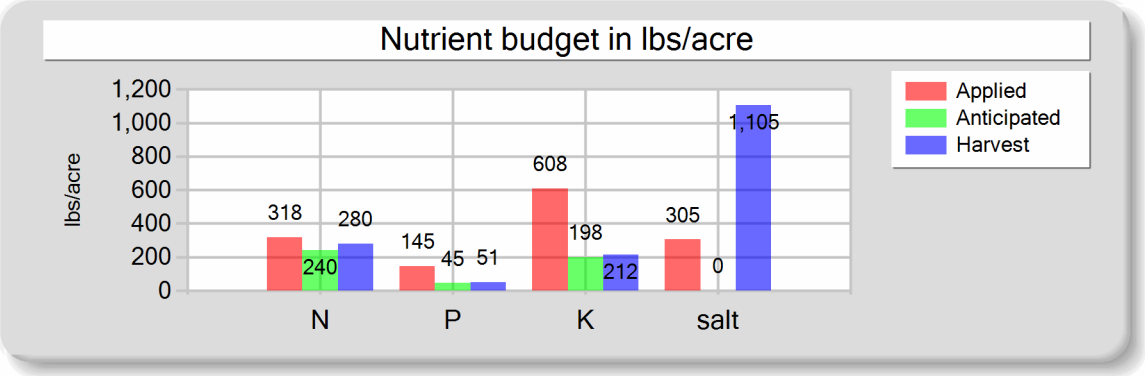

	Total N (lbs/acre)	Total P (lbs/acre)	Total K (lbs/acre)	Total salt (lbs/acre)
Existing soil nutrient content	0.00	0.00	0.00	0.00
Plowdown credit	0.00	0.00	0.00	0.00
Commercial fertilizer / Other	0.00	0.00	0.00	0.00
Dry manure	310.63	144.68	608.49	0.00
Process wastewater	0.00	0.00	0.00	0.00
Fresh water	0.00	0.00	0.00	304.60
Atmospheric deposition	7.00	0.00	0.00	0.00
Total nutrients applied	317.63	144.68	608.49	304.60
Anticipated crop nutrient removal	240.00	45.00	198.00	0.00
Actual crop nutrient removal	280.43	50.99	212.45	1,104.74
Nutrient balance	37.19	93.69	396.04	-800.13
Applied to removed ratio	1.13	2.84	2.86	0.28

Fresh water applied	
34,146,450.00	*gallons*
1,257.50	*acre-inches*
43.36	*inches/acre*

Process wastewater applied	
0.00	*gallons*
0.00	*acre-inches*
0.00	*inches/acre*

Total harvests for the crop	
1	*harvests*

Gemperle - 11/12/2022: Oats, silage-soft dough

Field name: Gemperle | Crop: Oats, silage-soft dough | Plant date: 11/12/2022

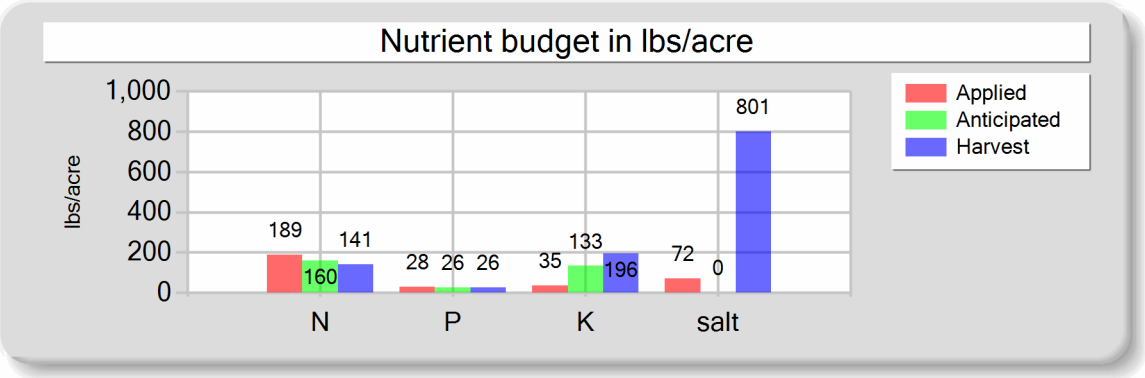

	Total N (lbs/acre)	Total P (lbs/acre)	Total K (lbs/acre)	Total salt (lbs/acre)
Existing soil nutrient content	0.00	0.00	0.00	0.00
Plowdown credit	0.00	0.00	0.00	0.00
Commercial fertilizer / Other	0.00	0.00	0.00	0.00
Dry manure	181.55	27.98	35.49	0.00
Process wastewater	0.00	0.00	0.00	0.00
Fresh water	0.00	0.00	0.00	71.73
Atmospheric deposition	7.00	0.00	0.00	0.00
Total nutrients applied	188.55	27.98	35.49	71.73
Anticipated crop nutrient removal	160.00	25.60	132.80	0.00
Actual crop nutrient removal	140.83	26.45	196.07	801.39
Nutrient balance	47.72	1.53	-160.58	-729.67
Applied to removed ratio	1.34	1.06	0.18	0.09

Fresh water applied	
16,635,450.00	*gallons*
612.63	*acre-inches*
10.21	*inches/acre*

Process wastewater applied	
0.00	*gallons*
0.00	*acre-inches*
0.00	*inches/acre*

Total harvests for the crop	
1	*harvests*

Gemperle - 05/21/2023: Corn, silage

Field name: Gemperle | Crop: Corn, silage | Plant date: 05/21/2023

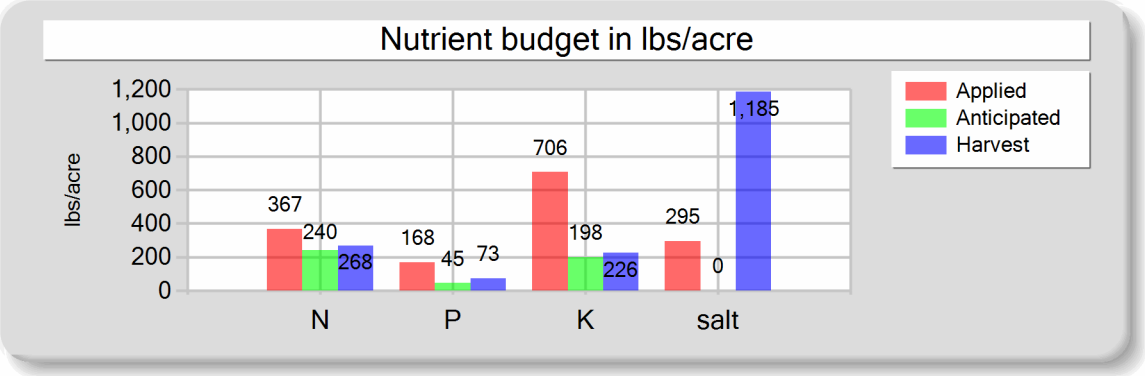

	Total N (lbs/acre)	Total P (lbs/acre)	Total K (lbs/acre)	Total salt (lbs/acre)
Existing soil nutrient content	0.00	0.00	0.00	0.00
Plowdown credit	0.00	0.00	0.00	0.00
Commercial fertilizer / Other	0.00	0.00	0.00	0.00
Dry manure	360.33	167.82	705.85	0.00
Process wastewater	0.00	0.00	0.00	0.00
Fresh water	0.00	0.00	0.00	295.18
Atmospheric deposition	7.00	0.00	0.00	0.00
Total nutrients applied	367.33	167.82	705.85	295.18
Anticipated crop nutrient removal	240.00	45.00	198.00	0.00
Actual crop nutrient removal	267.99	73.34	225.67	1,184.79
Nutrient balance	99.34	94.48	480.17	-889.61
Applied to removed ratio	1.37	2.29	3.13	0.25

Fresh water applied	
68,461,275.00	*gallons*
2,521.20	*acre-inches*
42.02	*inches/acre*

Process wastewater applied	
0.00	*gallons*
0.00	*acre-inches*
0.00	*inches/acre*

Total harvests for the crop	
1	*harvests*

Golf - 11/12/2022: Oats, silage-soft dough

Field name: Golf | Crop: Oats, silage-soft dough | Plant date: 11/12/2022

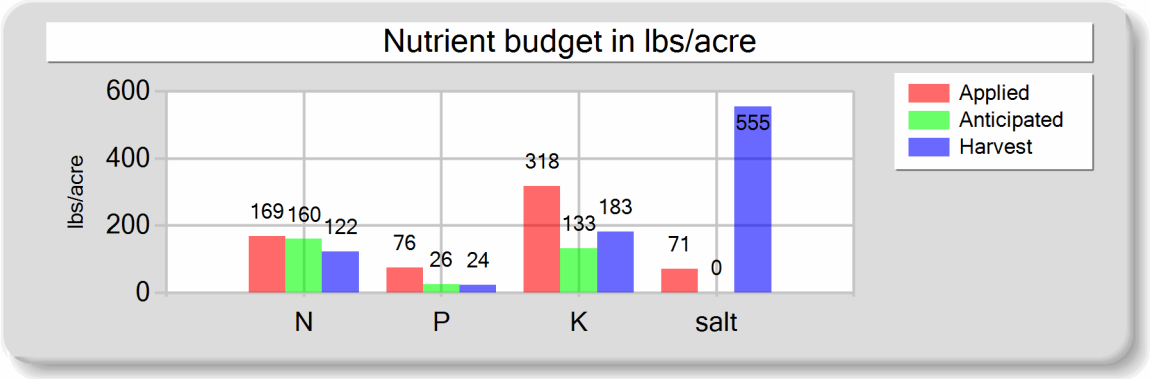

	Total N (lbs/acre)	Total P (lbs/acre)	Total K (lbs/acre)	Total salt (lbs/acre)
Existing soil nutrient content	0.00	0.00	0.00	0.00
Plowdown credit	0.00	0.00	0.00	0.00
Commercial fertilizer / Other	0.00	0.00	0.00	0.00
Dry manure	162.15	75.52	317.63	0.00
Process wastewater	0.00	0.00	0.00	0.00
Fresh water	0.00	0.00	0.00	70.94
Atmospheric deposition	7.00	0.00	0.00	0.00
Total nutrients applied	169.15	75.52	317.63	70.94
Anticipated crop nutrient removal	160.00	25.60	132.80	0.00
Actual crop nutrient removal	122.03	23.67	182.67	554.67
Nutrient balance	47.12	51.86	134.96	-483.73
Applied to removed ratio	1.39	3.19	1.74	0.13

Fresh water applied	
9,597,375.00	*gallons*
353.44	*acre-inches*
10.10	*inches/acre*

Process wastewater applied	
0.00	*gallons*
0.00	*acre-inches*
0.00	*inches/acre*

Total harvests for the crop	
1	*harvests*

Golf - 05/21/2023: Corn, silage

Field name: Golf | Crop: Corn, silage | Plant date: 05/21/2023

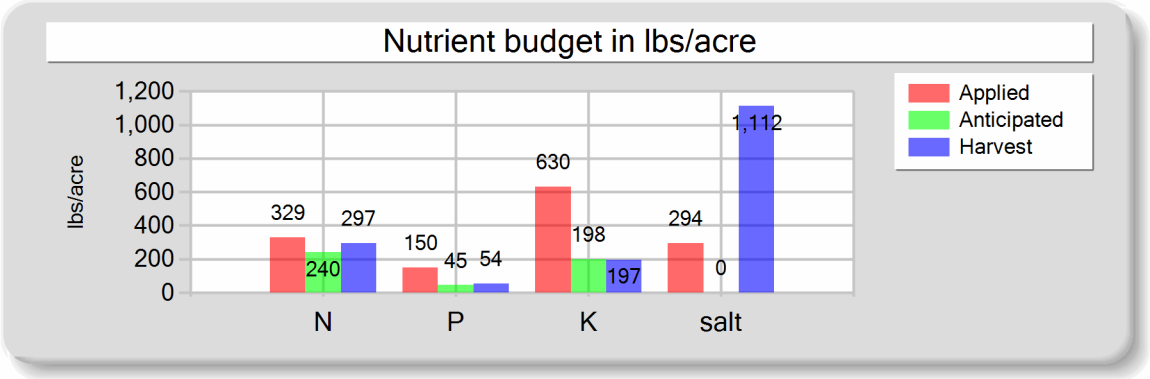

	Total N (lbs/acre)	Total P (lbs/acre)	Total K (lbs/acre)	Total salt (lbs/acre)
Existing soil nutrient content	0.00	0.00	0.00	0.00
Plowdown credit	0.00	0.00	0.00	0.00
Commercial fertilizer / Other	0.00	0.00	0.00	0.00
Dry manure	321.72	149.84	630.22	0.00
Process wastewater	0.00	0.00	0.00	0.00
Fresh water	0.00	0.00	0.00	294.20
Atmospheric deposition	7.00	0.00	0.00	0.00
Total nutrients applied	328.72	149.84	630.22	294.20
Anticipated crop nutrient removal	240.00	45.00	198.00	0.00
Actual crop nutrient removal	296.58	54.18	196.77	1,112.17
Nutrient balance	32.14	95.66	433.45	-817.97
Applied to removed ratio	1.11	2.77	3.20	0.26

Fresh water applied	
39,803,850.00	*gallons*
1,465.84	*acre-inches*
41.88	*inches/acre*

Process wastewater applied	
0.00	*gallons*
0.00	*acre-inches*
0.00	*inches/acre*

Total harvests for the crop	
1	*harvests*

Grammas - 11/18/2022: Oats, silage-soft dough

Field name: Grammas Crop: Oats, silage-soft dough Plant date: 11/18/2022

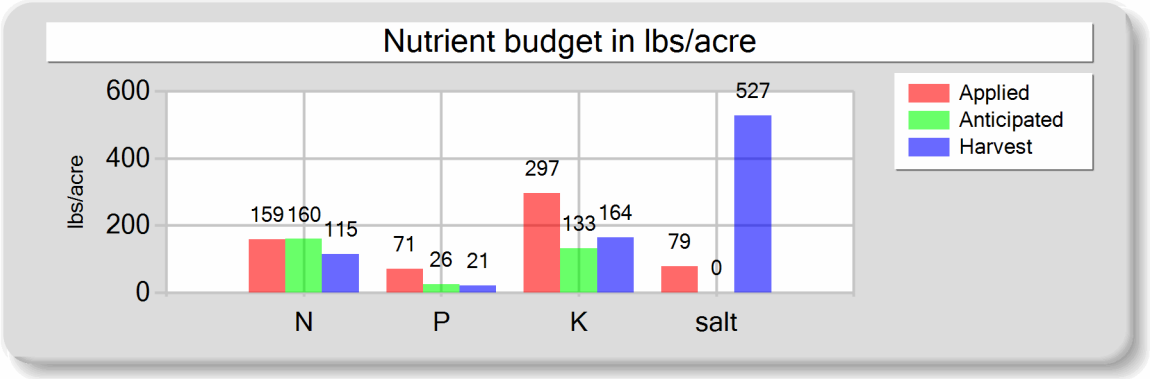

	Total N (lbs/acre)	Total P (lbs/acre)	Total K (lbs/acre)	Total salt (lbs/acre)
Existing soil nutrient content	0.00	0.00	0.00	0.00
Plowdown credit	0.00	0.00	0.00	0.00
Commercial fertilizer / Other	0.00	0.00	0.00	0.00
Dry manure	151.72	70.66	297.20	0.00
Process wastewater	0.00	0.00	0.00	0.00
Fresh water	0.00	0.00	0.00	79.32
Atmospheric deposition	7.00	0.00	0.00	0.00
Total nutrients applied	158.72	70.66	297.20	79.32
Anticipated crop nutrient removal	160.00	25.60	132.80	0.00
Actual crop nutrient removal	114.51	20.82	164.47	527.42
Nutrient balance	44.21	49.84	132.73	-448.10
Applied to removed ratio	1.39	3.39	1.81	0.15

Fresh water applied	
5,825,775.00	*gallons*
214.54	*acre-inches*
11.29	*inches/acre*

Process wastewater applied	
0.00	*gallons*
0.00	*acre-inches*
0.00	*inches/acre*

Total harvests for the crop	
1	*harvests*

Grammas - 05/16/2023: Corn, silage

Field name: Grammas Crop: Corn, silage Plant date: 05/16/2023

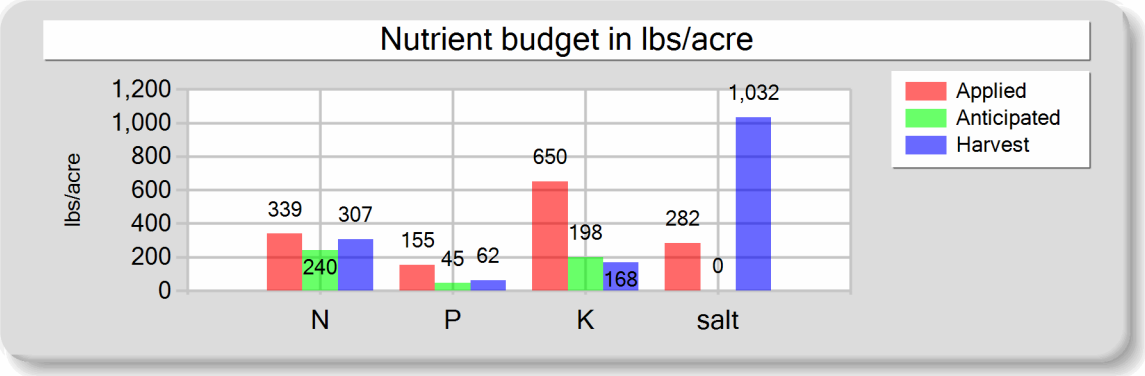

	Total N (lbs/acre)	Total P (lbs/acre)	Total K (lbs/acre)	Total salt (lbs/acre)
Existing soil nutrient content	0.00	0.00	0.00	0.00
Plowdown credit	0.00	0.00	0.00	0.00
Commercial fertilizer / Other	0.00	0.00	0.00	0.00
Dry manure	331.88	154.57	650.12	0.00
Process wastewater	0.00	0.00	0.00	0.00
Fresh water	0.00	0.00	0.00	282.44
Atmospheric deposition	7.00	0.00	0.00	0.00
Total nutrients applied	338.88	154.57	650.12	282.44
Anticipated crop nutrient removal	240.00	45.00	198.00	0.00
Actual crop nutrient removal	306.86	62.46	168.37	1,031.93
Nutrient balance	32.02	92.12	481.76	-749.49
Applied to removed ratio	1.10	2.47	3.86	0.27

Fresh water applied	
20,743,800.00	*gallons*
763.92	*acre-inches*
40.21	*inches/acre*

Process wastewater applied	
0.00	*gallons*
0.00	*acre-inches*
0.00	*inches/acre*

Total harvests for the crop	
1	*harvests*

High - 11/12/2022: Oats, silage-soft dough

Field name: High | Crop: Oats, silage-soft dough | Plant date: 11/12/2022

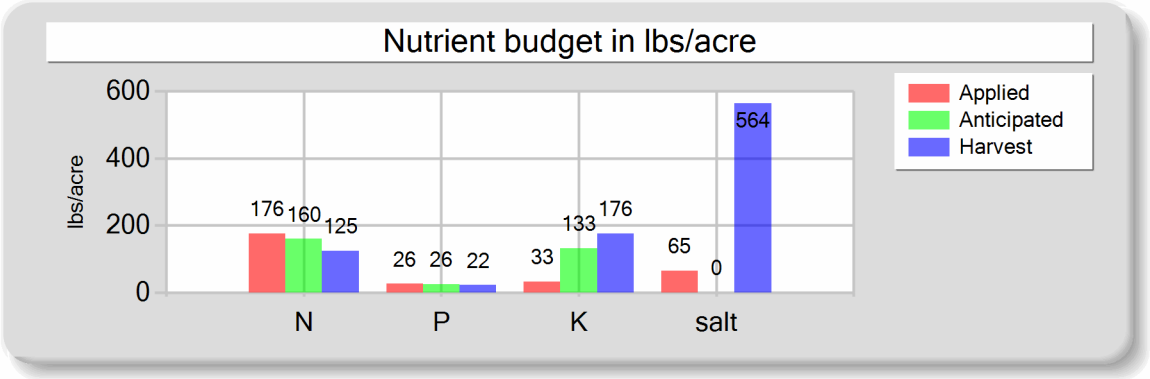

	Total N (lbs/acre)	Total P (lbs/acre)	Total K (lbs/acre)	Total salt (lbs/acre)
Existing soil nutrient content	0.00	0.00	0.00	0.00
Plowdown credit	0.00	0.00	0.00	0.00
Commercial fertilizer / Other	0.00	0.00	0.00	0.00
Dry manure	168.58	25.98	32.96	0.00
Process wastewater	0.00	0.00	0.00	0.00
Fresh water	0.00	0.00	0.00	65.34
Atmospheric deposition	7.00	0.00	0.00	0.00
Total nutrients applied	175.58	25.98	32.96	65.34
Anticipated crop nutrient removal	160.00	25.60	132.80	0.00
Actual crop nutrient removal	124.93	22.09	175.96	563.70
Nutrient balance	50.65	3.89	-143.01	-498.36
Applied to removed ratio	1.41	1.18	0.19	0.12

Fresh water applied	
6,061,500.00	*gallons*
223.22	*acre-inches*
9.30	*inches/acre*

Process wastewater applied	
0.00	*gallons*
0.00	*acre-inches*
0.00	*inches/acre*

Total harvests for the crop	
1	*harvests*

High - 05/21/2023: Corn, silage

Field name: High | Crop: Corn, silage | Plant date: 05/21/2023

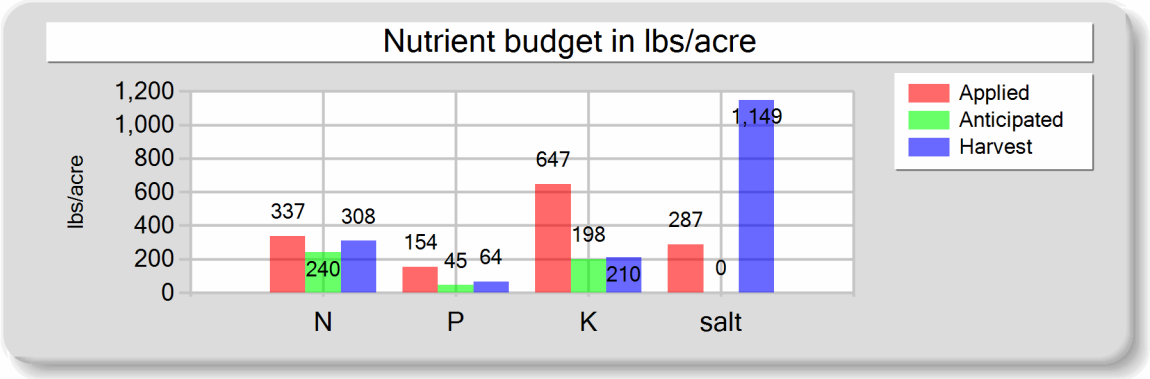

	Total N (lbs/acre)	Total P (lbs/acre)	Total K (lbs/acre)	Total salt (lbs/acre)
Existing soil nutrient content	0.00	0.00	0.00	0.00
Plowdown credit	0.00	0.00	0.00	0.00
Commercial fertilizer / Other	0.00	0.00	0.00	0.00
Dry manure	330.30	153.84	647.03	0.00
Process wastewater	0.00	0.00	0.00	0.00
Fresh water	0.00	0.00	0.00	286.76
Atmospheric deposition	7.00	0.00	0.00	0.00
Total nutrients applied	337.30	153.84	647.03	286.76
Anticipated crop nutrient removal	240.00	45.00	198.00	0.00
Actual crop nutrient removal	308.33	64.47	210.23	1,149.24
Nutrient balance	28.97	89.37	436.80	-862.48
Applied to removed ratio	1.09	2.39	3.08	0.25

Fresh water applied	
26,603,250.00	*gallons*
979.71	*acre-inches*
40.82	*inches/acre*

Process wastewater applied	
0.00	*gallons*
0.00	*acre-inches*
0.00	*inches/acre*

Total harvests for the crop	
1	*harvests*

Home - 11/18/2022: Oats, silage-soft dough

Field name: Home | Crop: Oats, silage-soft dough | Plant date: 11/18/2022

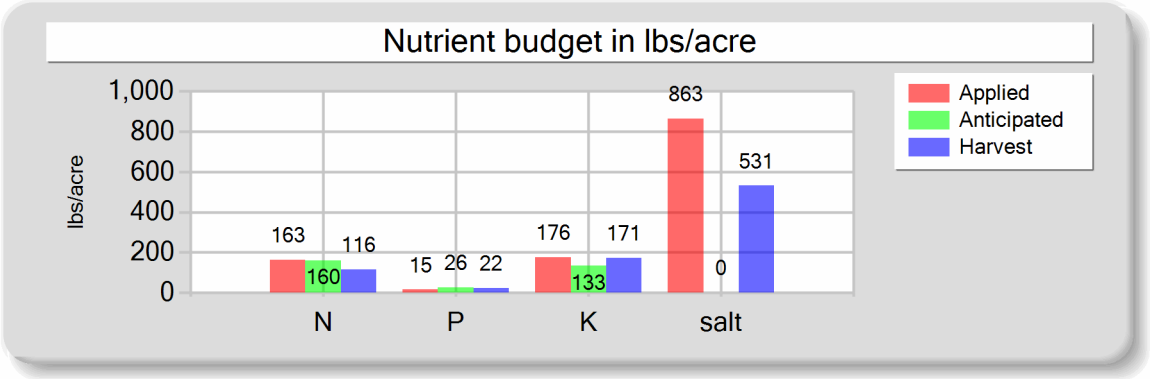

	Total N (lbs/acre)	Total P (lbs/acre)	Total K (lbs/acre)	Total salt (lbs/acre)
Existing soil nutrient content	0.00	0.00	0.00	0.00
Plowdown credit	0.00	0.00	0.00	0.00
Commercial fertilizer / Other	0.00	0.00	0.00	0.00
Dry manure	0.00	0.00	0.00	0.00
Process wastewater	156.06	14.97	176.31	790.04
Fresh water	0.00	0.00	0.00	73.34
Atmospheric deposition	7.00	0.00	0.00	0.00
Total nutrients applied	163.06	14.97	176.31	863.38
Anticipated crop nutrient removal	160.00	25.60	132.80	0.00
Actual crop nutrient removal	116.00	22.45	171.38	531.34
Nutrient balance	47.07	-7.48	4.94	332.04
Applied to removed ratio	1.41	0.67	1.03	1.62

Fresh water applied	
15,591,525.00	*gallons*
574.18	*acre-inches*
10.44	*inches/acre*

Process wastewater applied	
1,270,000.00	*gallons*
46.77	*acre-inches*
0.85	*inches/acre*

Total harvests for the crop	
1	*harvests*

Home - 05/16/2023: Corn, silage

Field name: Home | Crop: Corn, silage | Plant date: 05/16/2023

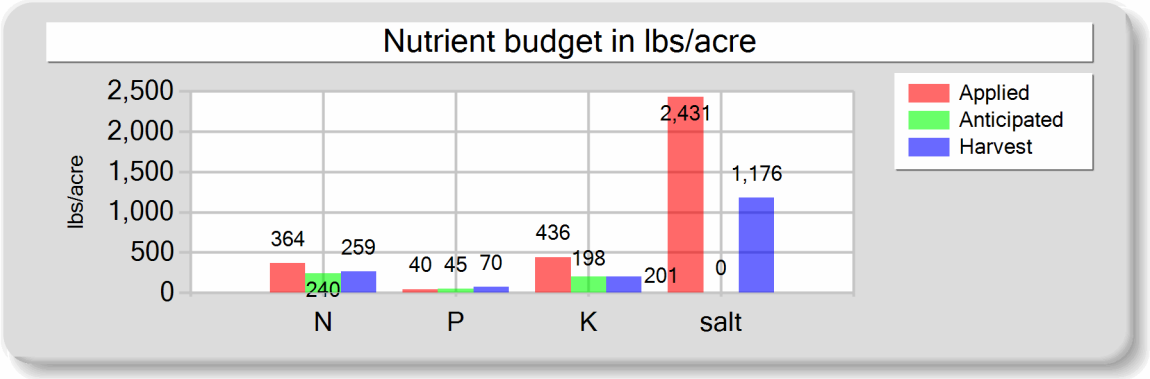

	Total N (lbs/acre)	Total P (lbs/acre)	Total K (lbs/acre)	Total salt (lbs/acre)
Existing soil nutrient content	0.00	0.00	0.00	0.00
Plowdown credit	0.00	0.00	0.00	0.00
Commercial fertilizer / Other	0.00	0.00	0.00	0.00
Dry manure	0.00	0.00	0.00	0.00
Process wastewater	356.80	39.91	436.41	2,135.74
Fresh water	0.00	0.00	0.00	295.08
Atmospheric deposition	7.00	0.00	0.00	0.00
Total nutrients applied	363.80	39.91	436.41	2,430.83
Anticipated crop nutrient removal	240.00	45.00	198.00	0.00
Actual crop nutrient removal	259.36	69.52	200.53	1,176.47
Nutrient balance	104.44	-29.61	235.87	1,254.36
Applied to removed ratio	1.40	0.57	2.18	2.07

Fresh water applied	
62,736,525.00	*gallons*
2,310.37	*acre-inches*
42.01	*inches/acre*

Process wastewater applied	
4,750,000.00	*gallons*
174.93	*acre-inches*
3.18	*inches/acre*

Total harvests for the crop	
1	*harvests*

Veeck - 11/12/2022: Oats, silage-soft dough

Field name: Veeck | Crop: Oats, silage-soft dough | Plant date: 11/12/2022

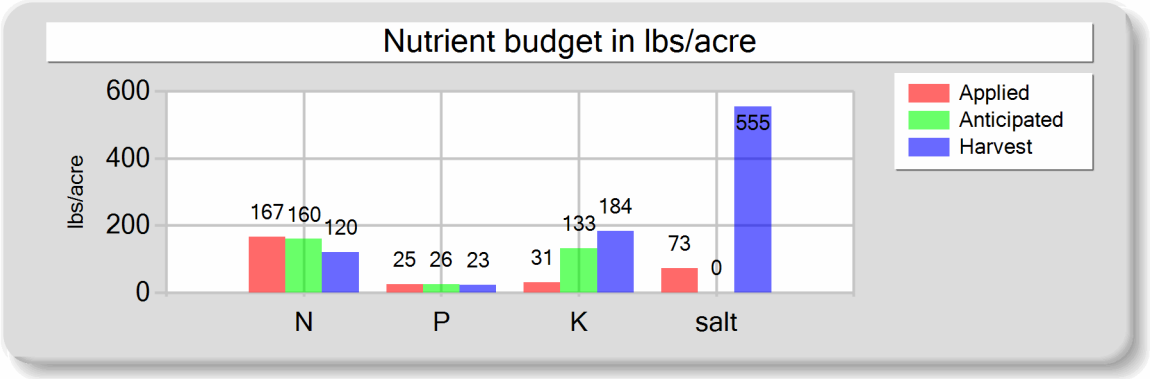

	Total N (lbs/acre)	Total P (lbs/acre)	Total K (lbs/acre)	Total salt (lbs/acre)
Existing soil nutrient content	0.00	0.00	0.00	0.00
Plowdown credit	0.00	0.00	0.00	0.00
Commercial fertilizer / Other	0.00	0.00	0.00	0.00
Dry manure	159.60	24.60	31.20	0.00
Process wastewater	0.00	0.00	0.00	0.00
Fresh water	0.00	0.00	0.00	73.04
Atmospheric deposition	7.00	0.00	0.00	0.00
Total nutrients applied	166.60	24.60	31.20	73.04
Anticipated crop nutrient removal	160.00	25.60	132.80	0.00
Actual crop nutrient removal	120.50	22.99	183.92	554.92
Nutrient balance	46.10	1.61	-152.72	-481.87
Applied to removed ratio	1.38	1.07	0.17	0.13

Fresh water applied	
3,670,575.00	*gallons*
135.17	*acre-inches*
10.40	*inches/acre*

Process wastewater applied	
0.00	*gallons*
0.00	*acre-inches*
0.00	*inches/acre*

Total harvests for the crop	
1	*harvests*

Veeck - 05/21/2023: Corn, silage

Field name: Veeck | Crop: Corn, silage | Plant date: 05/21/2023

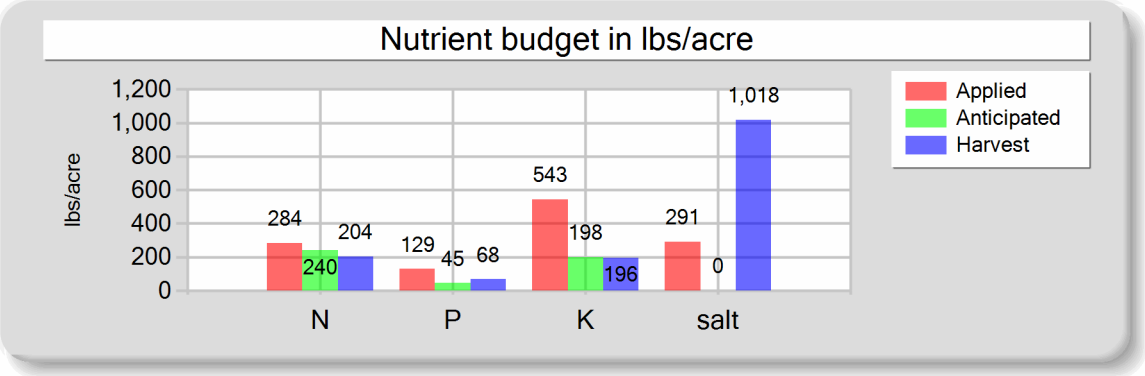

	Total N (lbs/acre)	Total P (lbs/acre)	Total K (lbs/acre)	Total salt (lbs/acre)
Existing soil nutrient content	0.00	0.00	0.00	0.00
Plowdown credit	0.00	0.00	0.00	0.00
Commercial fertilizer / Other	0.00	0.00	0.00	0.00
Dry manure	277.18	129.10	542.96	0.00
Process wastewater	0.00	0.00	0.00	0.00
Fresh water	0.00	0.00	0.00	290.83
Atmospheric deposition	7.00	0.00	0.00	0.00
Total nutrients applied	284.18	129.10	542.96	290.83
Anticipated crop nutrient removal	240.00	45.00	198.00	0.00
Actual crop nutrient removal	203.68	67.89	195.85	1,018.41
Nutrient balance	80.49	61.20	347.11	-727.58
Applied to removed ratio	1.40	1.90	2.77	0.29

Fresh water applied	
14,614,950.00	*gallons*
538.22	*acre-inches*
41.40	*inches/acre*

Process wastewater applied	
0.00	*gallons*
0.00	*acre-inches*
0.00	*inches/acre*

Total harvests for the crop	
1	*harvests*

NUTRIENT ANALYSES

A. MANURE ANALYSES

Solid Manure

Sample and source description: Solid Manure

Sample date: 05/15/2023 Material type: Corral solids Source of analysis: Lab analysis Method of reporting: Dry-weight

Moisture: 38.3 %

	Total N (mg/kg)	Total P (mg/kg)	Total K (mg/kg)	Calcium (mg/kg)	Magnesium (mg/kg)	Sodium (mg/kg)	Sulfur (mg/kg)	Chloride (mg/kg)	Total salt (mg/kg)	TFS (%)
Value	7,300.00	3,400.00	14,300.00							0.00
DL	100.00	100.00	100.00							0.01

Solid Manure

Sample and source description: Solid Manure

Sample date: 11/01/2023 Material type: Corral solids Source of analysis: Lab analysis Method of reporting: Dry-weight

Moisture: 80.5 %

	Total N (mg/kg)	Total P (mg/kg)	Total K (mg/kg)	Calcium (mg/kg)	Magnesium (mg/kg)	Sodium (mg/kg)	Sulfur (mg/kg)	Chloride (mg/kg)	Total salt (mg/kg)	TFS (%)
Value	26,600.00	4,100.00	5,200.00							0.00
DL	100.00	100.00	100.00							0.01

B. PROCESS WASTEWATER ANALYSES

Lagoon Water

Sample and source description: Lagoon Water

Sample date: 02/20/2023 Material type: Process wastewater Source of analysis: Lab analysis pH: 7.60

	Kjeldahl-N (mg/L)	NH4-N (mg/L)	NH3-N (mg/L)	Nitrate-N (mg/L)	Total P (mg/L)	Total K (mg/L)	Calcium (mg/L)	Magnes. (mg/L)	Sodium (mg/L)	Bicarb. (mg/L)	Carb. (mg/L)	Sulfate (mg/L)	Chloride (mg/L)	EC (µmhos/cm)	TDS (mg/L)
Value	808.00	425.00	0.00	1.90	77.70	915.00								9,160.00	4,100
DL	1.00	0.50	0.50	0.10	0.10	0.50								10.00	10

Lagoon Water

Sample and source description: Lagoon Water

Sample date: 06/14/2023 Material type: Process wastewater Source of analysis: Lab analysis pH: 7.90

	Kjeldahl-N (mg/L)	NH4-N (mg/L)	NH3-N (mg/L)	Nitrate-N (mg/L)	Total P (mg/L)	Total K (mg/L)	Calcium (mg/L)	Magnes. (mg/L)	Sodium (mg/L)	Bicarb. (mg/L)	Carb. (mg/L)	Sulfate (mg/L)	Chloride (mg/L)	EC (µmhos/cm)	TDS (mg/L)
Value	116.00	35.50	0.00	0.20	25.70	128.00								1,850.00	967
DL	1.00	0.50	0.50	0.10	0.10	0.50								10.00	10

Lagoon Water

Sample and source description: Lagoon Water

Sample date: 09/13/2023 Material type: Process wastewater Source of analysis: Lab analysis pH: 7.60

	Kjeldahl-N (mg/L)	NH4-N (mg/L)	NH3-N (mg/L)	Nitrate-N (mg/L)	Total P (mg/L)	Total K (mg/L)	Calcium (mg/L)	Magnes. (mg/L)	Sodium (mg/L)	Bicarb. (mg/L)	Carb. (mg/L)	Sulfate (mg/L)	Chloride (mg/L)	EC (µmhos/cm)	TDS (mg/L)
Value	237.00	166.00	0.00	0.30	57.10	369.00								4,040.00	2,250
DL	1.00	0.50	0.50	0.10	0.10	0.50								10.00	10

Lagoon Water

Sample and source description: Lagoon Water

Sample date: 11/13/2023 Material type: Process wastewater Source of analysis: Lab analysis pH: 7.80

	Kjeldahl-N (mg/L)	NH4-N (mg/L)	NH3-N (mg/L)	Nitrate-N (mg/L)	Total P (mg/L)	Total K (mg/L)	Calcium (mg/L)	Magnes. (mg/L)	Sodium (mg/L)	Bicarb. (mg/L)	Carb. (mg/L)	Sulfate (mg/L)	Chloride (mg/L)	EC (µmhos/cm)	TDS (mg/L)
Value	302.00	203.00	0.00	0.00	47.20	622.00								4,790.00	3,500
DL	1.00	0.50	0.10	0.10	0.10	0.50								10.00	10

C. FRESH WATER ANALYSES

Domestic Well - Booker Well

Domestic Well - Booker Well

Booker Well

Sample description: Booker Well

Sample date: 11/13/2023 Source of analysis: Lab analysis

	Total N (mg/L)	NH4-N (mg/L)	Nitrate-N (mg/L)	Calcium (mg/L)	Magnesium (mg/L)	Sodium (mg/L)	Bicarbonate (mg/L)	Carbonate (mg/L)	Sulfate (mg/L)	Chloride (mg/L)	EC (µmhos/cm)	TDS (mg/L)
Value	15.50	0.00	15.50								371.00	
DL	1.00	1.00	0.10								10.00	

Domestic Well - Grandma's Well

Grandma's Well

Sample description: Grandma's Well

Sample date: 11/13/2023 Source of analysis: Lab analysis

	Total N (mg/L)	NH4-N (mg/L)	Nitrate-N (mg/L)	Calcium (mg/L)	Magnesium (mg/L)	Sodium (mg/L)	Bicarbonate (mg/L)	Carbonate (mg/L)	Sulfate (mg/L)	Chloride (mg/L)	EC (µmhos/cm)	TDS (mg/L)
Value	36.40	0.00	36.40								1,180.00	
DL	0.10	0.10	0.10								10.00	

Domestic Well - Well #1

Well #1

Sample description: Well #1

Sample date: 11/13/2023 Source of analysis: Lab analysis

	Total N (mg/L)	NH4-N (mg/L)	Nitrate-N (mg/L)	Calcium (mg/L)	Magnesium (mg/L)	Sodium (mg/L)	Bicarbonate (mg/L)	Carbonate (mg/L)	Sulfate (mg/L)	Chloride (mg/L)	EC (µmhos/cm)	TDS (mg/L)
Value	58.00	0.00	58.00								1,360.00	
DL	0.10	0.10	0.10								10.00	

Domestic Well - Well #2

Domestic Well - Well #2

Well #2

Sample description: Well #2

Sample date: 11/13/2023 Source of analysis: Lab analysis

	Total N (mg/L)	NH4-N (mg/L)	Nitrate-N (mg/L)	Calcium (mg/L)	Magnesium (mg/L)	Sodium (mg/L)	Bicarbonate (mg/L)	Carbonate (mg/L)	Sulfate (mg/L)	Chloride (mg/L)	EC (µmhos/cm)	TDS (mg/L)
Value	53.40	0.00	53.40								1,340.00	
DL	0.10	0.10	0.10								10.00	

Irrigation Water

Irrigation water - irrigation water

Sample description: Irrigation water - irrigation water

Sample date: 07/19/2023 Source of analysis: Lab analysis

	Total N (mg/L)	NH4-N (mg/L)	Nitrate-N (mg/L)	Calcium (mg/L)	Magnesium (mg/L)	Sodium (mg/L)	Bicarbonate (mg/L)	Carbonate (mg/L)	Sulfate (mg/L)	Chloride (mg/L)	EC (µmhos/cm)	TDS (mg/L)
Value	24.40	0.00	24.40								474.00	383
DL	1.00	0.50	0.10								10.00	10

Irrigation Water - Canal

Canal

Sample description: Canal

Sample date: 07/17/2023 Source of analysis: Lab analysis

	Total N (mg/L)	NH4-N (mg/L)	Nitrate-N (mg/L)	Calcium (mg/L)	Magnesium (mg/L)	Sodium (mg/L)	Bicarbonate (mg/L)	Carbonate (mg/L)	Sulfate (mg/L)	Chloride (mg/L)	EC (µmhos/cm)	TDS (mg/L)
Value	0.00	0.00	0.00								32.50	31
DL	1.00	0.10	0.10								10.00	10

D. SOIL ANALYSES

August

August

Sample and source description: August

Sample date: 11/29/2023 Source of analysis: Lab analysis

	Nitrate-N (mg/kg)	Total P (mg/kg)	Soluble P (mg/kg)	K (mg/kg)	EC (µmhos/cm)	Organic matter (%)	Total salt (mg/kg)
Value			95.00				
DL			2.00				

Gemperle

Gemperle

Sample and source description: Gemperle

Sample date: 11/29/2023 Source of analysis: Lab analysis

	Nitrate-N (mg/kg)	Total P (mg/kg)	Soluble P (mg/kg)	K (mg/kg)	EC (µmhos/cm)	Organic matter (%)	Total salt (mg/kg)
Value			42.00				
DL			2.00				

Golf

Golf

Sample and source description: Golf

Sample date: 11/29/2023 Source of analysis: Lab analysis

	Nitrate-N (mg/kg)	Total P (mg/kg)	Soluble P (mg/kg)	K (mg/kg)	EC (µmhos/cm)	Organic matter (%)	Total salt (mg/kg)
Value			42.00				
DL			2.00				

Grammas

Grammas

Grammas

Sample and source description: Grammas

Sample date: 11/29/2023 Source of analysis: Lab analysis

	Nitrate-N (mg/kg)	Total P (mg/kg)	Soluble P (mg/kg)	K (mg/kg)	EC (µmhos/cm)	Organic matter (%)	Total salt (mg/kg)
Value			60.00				
DL			2.00				

High

High

Sample and source description: High

Sample date: 11/29/2023 Source of analysis: Lab analysis

	Nitrate-N (mg/kg)	Total P (mg/kg)	Soluble P (mg/kg)	K (mg/kg)	EC (µmhos/cm)	Organic matter (%)	Total salt (mg/kg)
Value			26.00				
DL			2.00				

Home

Home

Sample and source description: Home

Sample date: 11/29/2023 Source of analysis: Lab analysis

	Nitrate-N (mg/kg)	Total P (mg/kg)	Soluble P (mg/kg)	K (mg/kg)	EC (µmhos/cm)	Organic matter (%)	Total salt (mg/kg)
Value			95.00				
DL			2.00				

Veeck

Veeck

Veeck

Sample and source description: Veeck

Sample date: 11/29/2023 Source of analysis: Lab analysis

	Nitrate-N (mg/kg)	Total P (mg/kg)	Soluble P (mg/kg)	K (mg/kg)	EC (µmhos/cm)	Organic matter (%)	Total salt (mg/kg)
Value			77.00				
DL			2.00				

E. PLANT TISSUE ANALYSES

August - 11/12/2022: Oats, silage-soft dough

August

Sample and source description: August

Sample date: 04/23/2023 Source of analysis: Lab analysis Method of reporting: Dry-weight

Moisture: 67.0 %

	Total N (mg/kg)	Total P (mg/kg)	Total K (mg/kg)	Total salt (mg/kg)	TFS (%)
Value	17,400.00	3,300.00	24,600.00		10.50
DL	100.00	100.00	100.00		0.01

August - 05/21/2023: Corn, silage

August

Sample and source description: August

Sample date: 09/12/2023 Source of analysis: Lab analysis Method of reporting: Dry-weight

Moisture: 55.5 %

	Total N (mg/kg)	Total P (mg/kg)	Total K (mg/kg)	Total salt (mg/kg)	TFS (%)
Value	9,900.00	1,800.00	7,500.00		3.90
DL	100.00	100.00	100.00		0.01

Gemperle - 11/12/2022: Oats, silage-soft dough

Gemperle A

Sample and source description: Gemperle A

Sample date: 04/23/2023 Source of analysis: Lab analysis Method of reporting: Dry-weight

Moisture: 67.4 %

	Total N (mg/kg)	Total P (mg/kg)	Total K (mg/kg)	Total salt (mg/kg)	TFS (%)
Value	18,100.00	3,400.00	25,200.00		10.30
DL	100.00	100.00	100.00		0.01

Gemperle B

Sample and source description: Gemperle B

Sample date: 04/23/2023 Source of analysis: Lab analysis Method of reporting: Dry-weight

Moisture: 67.2 %

	Total N (mg/kg)	Total P (mg/kg)	Total K (mg/kg)	Total salt (mg/kg)	TFS (%)
Value	17,400.00	3,300.00	24,900.00		8.80
DL	100.00	100.00	100.00		0.01

Gemperle - 05/21/2023: Corn, silage

Gemperle A

Sample and source description: Gemperle A

Sample date: 09/12/2023 Source of analysis: Lab analysis Method of reporting: Dry-weight

Moisture: 55.8 %

	Total N (mg/kg)	Total P (mg/kg)	Total K (mg/kg)	Total salt (mg/kg)	TFS (%)
Value	8,900.00	1,800.00	7,600.00		3.90
DL	100.00	100.00	100.00		0.01

Gemperle - 05/21/2023: Corn, silage

Gemperle B

Sample and source description: Gemperle B

Sample date: 09/12/2023 Source of analysis: Lab analysis Method of reporting: Dry-weight

Moisture: 55.9 %

	Total N (mg/kg)	Total P (mg/kg)	Total K (mg/kg)	Total salt (mg/kg)	TFS (%)
Value	9,500.00	2,600.00	8,000.00		4.20
DL	100.00	100.00	100.00		0.01

Golf - 11/12/2022: Oats, silage-soft dough

Golf

Sample and source description: Golf

Sample date: 04/23/2023 Source of analysis: Lab analysis Method of reporting: Dry-weight

Moisture: 67.4 %

	Total N (mg/kg)	Total P (mg/kg)	Total K (mg/kg)	Total salt (mg/kg)	TFS (%)
Value	16,500.00	3,200.00	24,700.00		7.50
DL	100.00	100.00	100.00		0.01

Golf - 05/21/2023: Corn, silage

Golf

Sample and source description: Golf

Sample date: 09/12/2023 Source of analysis: Lab analysis Method of reporting: Dry-weight

Moisture: 55.0 %

	Total N (mg/kg)	Total P (mg/kg)	Total K (mg/kg)	Total salt (mg/kg)	TFS (%)
Value	10,400.00	1,900.00	6,900.00		3.90
DL	100.00	100.00	100.00		0.01

Grammas - 11/18/2022: Oats, silage-soft dough

Grammas

Sample and source description: Grammas

Sample date: 04/23/2023 Source of analysis: Lab analysis Method of reporting: Dry-weight

Moisture: 67.2 %

	Total N (mg/kg)	Total P (mg/kg)	Total K (mg/kg)	Total salt (mg/kg)	TFS (%)
Value	16,500.00	3,000.00	23,700.00		7.60
DL	100.00	100.00	100.00		0.01

Grammas - 05/16/2023: Corn, silage

Grammas

Sample and source description: Grammas

Sample date: 09/12/2023 Source of analysis: Lab analysis Method of reporting: Dry-weight

Moisture: 56.2 %

	Total N (mg/kg)	Total P (mg/kg)	Total K (mg/kg)	Total salt (mg/kg)	TFS (%)
Value	11,300.00	2,300.00	6,200.00		3.80
DL	100.00	100.00	100.00		0.01

High - 11/12/2022: Oats, silage-soft dough

High

Sample and source description: High

Sample date: 04/23/2023 Source of analysis: Lab analysis Method of reporting: Dry-weight

Moisture: 67.0 %

	Total N (mg/kg)	Total P (mg/kg)	Total K (mg/kg)	Total salt (mg/kg)	TFS (%)
Value	16,400.00	2,900.00	23,100.00		7.40
DL	100.00	100.00	100.00		0.01

High - 05/21/2023: Corn, silage

High

Sample and source description: High

Sample date: 09/12/2023 Source of analysis: Lab analysis Method of reporting: Dry-weight

Moisture: 55.8 %

	Total N (mg/kg)	Total P (mg/kg)	Total K (mg/kg)	Total salt (mg/kg)	TFS (%)
Value	11,000.00	2,300.00	7,500.00		4.10
DL	100.00	100.00	100.00		0.01

Home - 11/18/2022: Oats, silage-soft dough

Home A

Sample and source description: Home A

Sample date: 04/23/2023 Source of analysis: Lab analysis Method of reporting: Dry-weight

Moisture: 66.8 %

	Total N (mg/kg)	Total P (mg/kg)	Total K (mg/kg)	Total salt (mg/kg)	TFS (%)
Value	15,400.00	2,800.00	22,800.00		7.70
DL	100.00	100.00	100.00		0.01

Home B

Sample and source description: Home B

Sample date: 04/23/2023 Source of analysis: Lab analysis Method of reporting: Dry-weight

Moisture: 65.7 %

	Total N (mg/kg)	Total P (mg/kg)	Total K (mg/kg)	Total salt (mg/kg)	TFS (%)
Value	15,500.00	3,000.00	22,900.00		7.10
DL	100.00	100.00	100.00		0.01

Home - 05/16/2023: Corn, silage

Home - 05/16/2023: Corn, silage

Home A

Sample and source description: Home A

Sample date: 09/12/2023 Source of analysis: Lab analysis Method of reporting: Dry-weight

Moisture: 57.3 %

	Total N (mg/kg)	Total P (mg/kg)	Total K (mg/kg)	Total salt (mg/kg)	TFS (%)
Value	9,700.00	2,600.00	7,500.00		4.40
DL	100.00	100.00	100.00		0.01

Home B

Sample and source description: Home B

Sample date: 09/12/2023 Source of analysis: Lab analysis Method of reporting: Dry-weight

Moisture: 58.5 %

	Total N (mg/kg)	Total P (mg/kg)	Total K (mg/kg)	Total salt (mg/kg)	TFS (%)
Value	9,300.00	2,500.00	7,300.00		4.00
DL	100.00	100.00	100.00		0.01

Veeck - 11/12/2022: Oats, silage-soft dough

Veeck

Sample and source description: Veeck

Sample date: 04/23/2023 Source of analysis: Lab analysis Method of reporting: Dry-weight

Moisture: 66.1 %

	Total N (mg/kg)	Total P (mg/kg)	Total K (mg/kg)	Total salt (mg/kg)	TFS (%)
Value	15,200.00	2,900.00	23,200.00		7.00
DL	100.00	100.00	100.00		0.01

Veeck - 05/21/2023: Corn, silage

Veeck - 05/21/2023: Corn, silage

Veeck

Sample and source description: Veeck

Sample date: 09/12/2023 Source of analysis: Lab analysis Method of reporting: Dry-weight

Moisture: 59.1 %

	Total N (mg/kg)	Total P (mg/kg)	Total K (mg/kg)	Total salt (mg/kg)	TFS (%)
Value	7,800.00	2,600.00	7,500.00		3.90
DL	100.00	100.00	100.00		0.01

F. SUBSURFACE (TILE) DRAINAGE ANALYSES

No subsurface (tile) drainage analyses entered.

NUTRIENT APPLICATIONS, POTENTIAL REMOVAL, AND BALANCE

A. SUMMARY OF NUTRIENT APPLICATIONS, POTENTIAL REMOVAL, AND BALANCE

	Total N (lbs)	Total P (lbs)	Total K (lbs)	Total salt (lbs)
Existing soil nutrient content	0.00	0.00	0.00	0.00
Plowdown credit	0.00	0.00	0.00	0.00
Commercial fertilizer / Other	0.00	0.00	0.00	0.00
Dry manure	90,586.26	35,240.50	138,118.40	0.00
Process wastewater	28,207.51	3,018.50	33,699.70	160,918.22
Fresh water	0.00	0.00	0.00	86,009.17
Atmospheric deposition	3,290.00	0.00	0.00	0.00
Total nutrients applied	122,083.77	38,259.00	171,818.09	246,927.39
Anticipated crop nutrient removal	94,000.00	16,591.00	77,738.00	0.00
Actual crop nutrient removal	94,514.74	20,837.81	91,299.45	418,438.34
Nutrient balance	27,569.03	17,421.19	80,518.64	-171,510.94
Applied to removed ratio	1.29	1.84	1.88	0.59

B. POUNDS OF NUTRIENT APPLIED VS. CROP REMOVAL

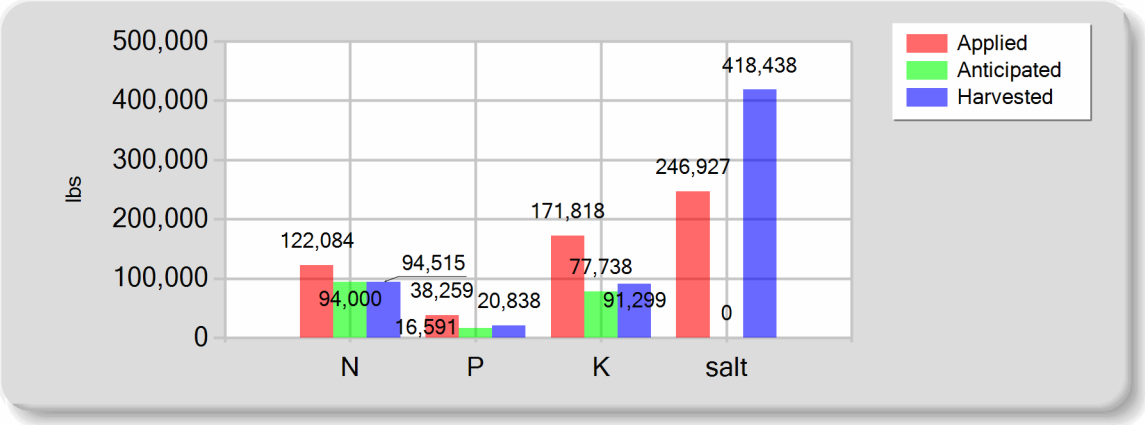

C. POUNDS OF NUTRIENT APPLIED BY MATERIAL TYPE

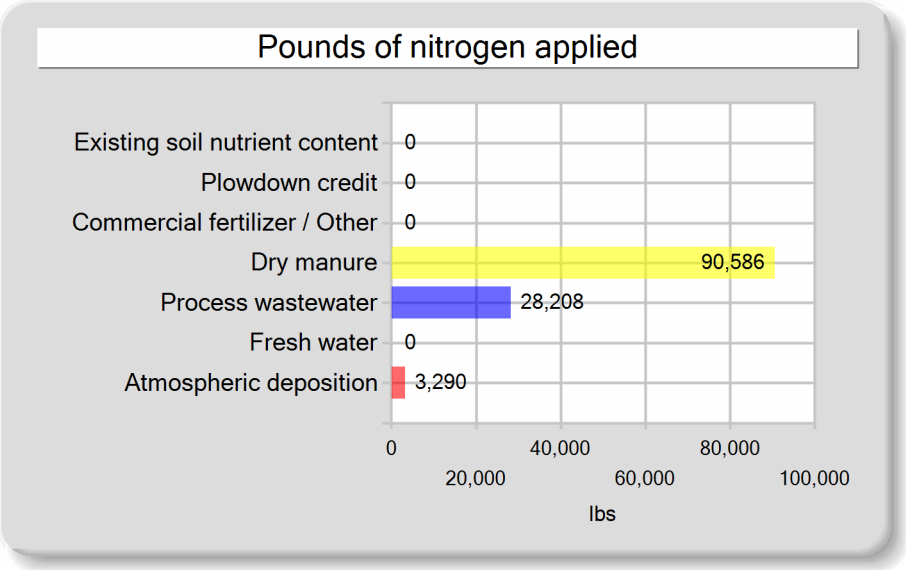

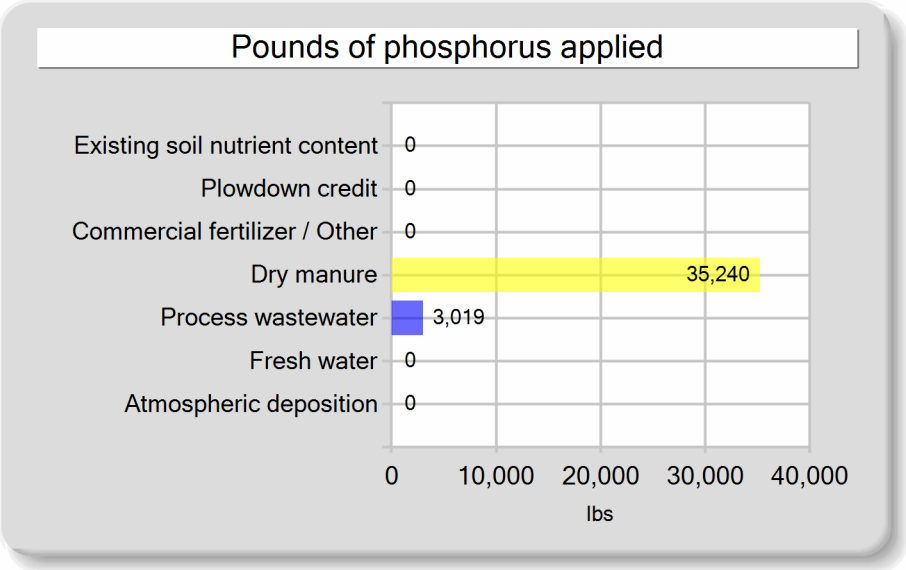

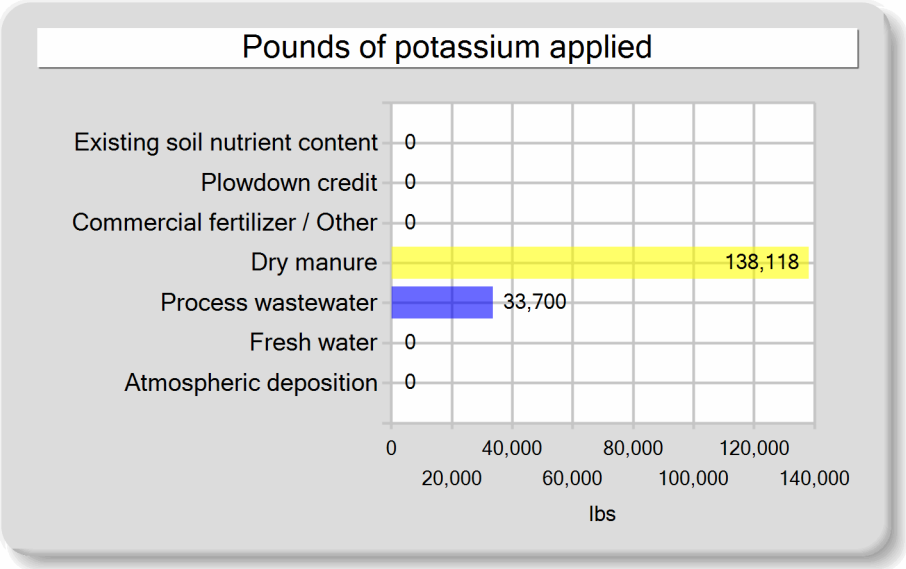

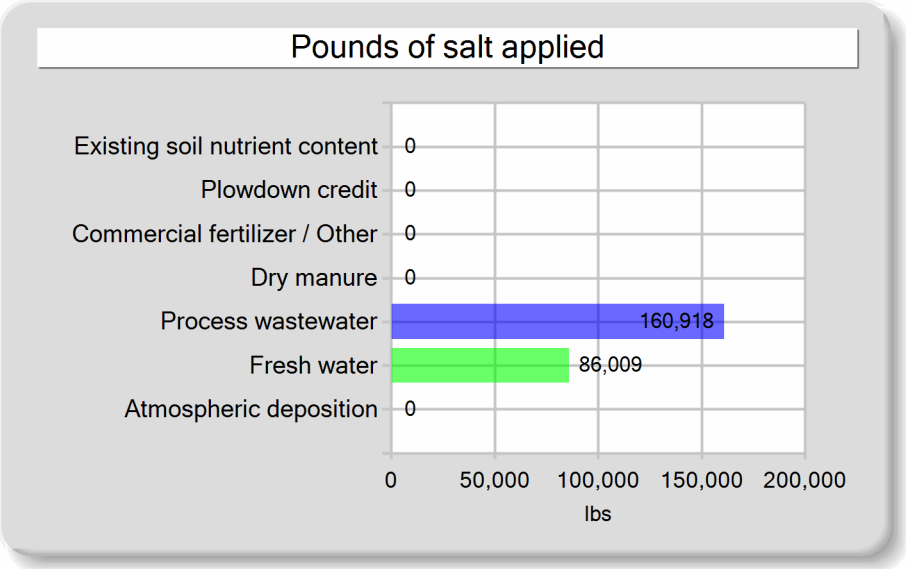

EXCEPTION REPORTING

A. MANURE, PROCESS WASTEWATER, AND OTHER DAIRY WASTE DISCHARGES

The following is a summary of all manure and process wastewater discharges from the production area to surface water or to land areas (land application areas or otherwise) when not in accordance with the facility's Nutrient Management Plan.

No manure or process wastewater discharges occurred during the reporting period.

B. STORM WATER DISCHARGES

The following is a summary of all storm water discharges from the production area to surface water during the reporting period when not in accordance with the facility 's Nutrient Management Plan.

No stormwater discharges occurred during the reporting period.

C. LAND APPLICATION AREA TO SURFACE WATER DISCHARGES

The following is a summary of all discharges from the land application area to surface water that have occurred during the reporting period when not in accordance with the facility's Nutrient Management Plan.

No land application area to surface water discharges occurred during the reporting period.

NUTRIENT MANAGEMENT PLAN AND EXPORT AGREEMENT STATEMENTS

A. NUTRIENT MANAGEMENT PLAN STATEMENTS

Was the facility's NMP updated in the reporting period?	Yes
Was the facility's NMP developed by a certified nutrient management planner (specialist) as specified in Attachment C of the General Order?	Yes
Was the facility's NMP approved by a certified nutrient management planner (specialist) as specified in Attachment C of the General Order?	Yes

B. EXPORT AGREEMENT STATEMENT

Are there any written agreements with third parties to receive manure or process wastewater that are new or were revised within the reporting period?	No

ADDITIONAL NOTES

A. NOTES

No notes entered for this annual report.

CERTIFICATION

A. OWNER AND/OR OPERATOR CERTIFICATION

I certify under penalty of law that I have personally examined and am familiar with the information submitted in this document and all attachments and that, based on my inquiry of those individuals immediately responsible for obtaining the information, I believe that the information is true, accurate, and complete. I am aware that there are significant penalties for submitting false information, including the possibility of fine and imprisonment.

Tiberio Azevedo
Tiberio Azevedo (Jun 23, 2024 09:09 PDT)

SIGNATURE OF OWNER OF FACILITY	SIGNATURE OF OPERATOR OF FACILITY
Tiberio Azevedo	SAME AS OWNER
PRINT OR TYPE NAME	PRINT OR TYPE NAME
06/23/2024	
DATE	DATE

ATTACHMENT D

Manure Tracking Manifest
For
Existing Milk Cow Dairies

Instructions:

1) Complete one manifest for each hauling event, for each destination. A hauling event may last for several days, as long as the manure is being hauled to the same destination.
2) If there are multiple destinations, **complete a separate form for each destination**.
3) The operator must obtain the signature of the hauler upon completion of each manure-hauling event.
4) The operator shall submit copies of manure/process wastewater tracking manifest(s) with the Annual Monitoring Report for Existing Milk Cow Dairies.

Operator Information:

Name of Operator:	**Tiberio, Henry or Emmanuel Azevedo**
Name of Dairy Facility:	**Tiberio Azevedo Dairy**
Facility Address:	**21480 August Avenue, Hilmar, CA 95324**
Contact Person Name and Phone Number:	**Tiberio or Henry Azevedo (209) 678-3074**

Manure Hauler Information:

Name of Hauling Company/Person:	**Tiberio Azevedo Dairy**
Address of Hauling Company /Person:	**21480 August Avenue, Hilmar, CA 95324**
Contact Person and Phone Number:	**Henry Azevedo (209) 678-3074**

Destination Information:

Composting Facility / Broker / Farmer / Other (identify) **Farmer** (please circle one)

Contact information of Composting Facility, Broker, Farmer, or Other (as identified above):

Name	Number and Street	City	Zip Code	Phone Number
Joe Egli & Sons Dairy	**21536 August Avenue**	**Hilmar**	**95324**	**(209) 667-1452**

Manure/Process Wastewater Destination Address or Assessor's Parcel Number:

Number and Street	City	Zip Code	Assessor's Parcel Number
21536 August Avenue	**Hilmar**	**95324**	**Merced County**

Dates Hauled: **3/24/23, 3/31/23, 4/2/23, 4/9/23, 4/10/23 & 4/13/23**

Amount Hauled:

Enter the amount of manure hauled in tons or cubic yards (indicate the units used), the manure solids content (if amount reported in tons) or manure density (if amount reported in cubic yards), and the method used to calculate the amount:

Manure: **N/A** Tons

Manure Solids Content (if amount reported in tons): _____

Method used to determine amount of manure: _____

_____

Enter the amount of process wastewater hauled in gallons and the method used to determine the amount.

Process Wastewater: **1,696,400** Gallons

Method used to determine volume of process wastewater: _____

Pump Run Time x Average Pump GPM

Written Agreement:

Does the Operator have a written agreement (in compliance with Land Application Specification C.2 of Waste Discharge Requirements General Order No. R5-2007-0035) with any party that receives process wastewater from the Operator for its own use? (please check one)

X Yes _____ No

If the answer is no, the Operator agrees to have such a written agreement with any such party for any process wastewater transferred after **31 December 2007** to such party.
_____ (Operator shall provide initials here to acknowledge this requirement).

Certification:
I declare under the penalty of law that I personally examined and am familiar with the information submitted in this document, and that based on my inquiry of those individuals immediately responsible for obtaining the information, I believe that the information is true, accurate, and complete. I am aware that there are significant penalties for submitting false information, including the possibility of a fine and imprisonment for knowing violations.

Operator's Signature: _____ Date: 4/13/2023

Hauler's Signature: _____ Date: 4/13/2023

ATTACHMENT D

Manure Tracking Manifest
For
Existing Milk Cow Dairies

Instructions:

1) Complete one manifest for each hauling event, for each destination. A hauling event may last for several days, as long as the manure is being hauled to the same destination.
2) If there are multiple destinations, **complete a separate form for each destination**.
3) The operator must obtain the signature of the hauler upon completion of each manure-hauling event.
4) The operator shall submit copies of manure/process wastewater tracking manifest(s) with the Annual Monitoring Report for Existing Milk Cow Dairies.

Operator Information:

Name of Operator:	**Tiberio, Henry or Emmanuel Azevedo**
Name of Dairy Facility:	**Tiberio Azevedo Dairy**
Facility Address:	**21480 August Avenue, Hilmar, CA 95324**
Contact Person Name and Phone Number:	**Tiberio or Henry Azevedo (209) 678-3074**

Manure Hauler Information:

Name of Hauling Company/Person:	**Tiberio Azevedo Dairy**
Address of Hauling Company /Person:	**21480 August Avenue, Hilmar, CA 95324**
Contact Person and Phone Number:	**Henry Azevedo (209) 678-3074**

Destination Information:

Composting Facility / Broker / Farmer / Other (identify) **Farmer** (please circle one)

Contact information of Composting Facility, Broker, Farmer, or Other (as identified above):

Name	Number and Street	City	Zip Code	Phone Number
Joe Egli & Sons Dairy	**21536 August Avenue**	**Hilmar**	**95324**	**(209) 667-1452**

Manure/Process Wastewater Destination Address or Assessor's Parcel Number:

Number and Street	City	Zip Code	Assessor's Parcel Number
21536 August Avenue	**Hilmar**	**95324**	**Merced County**

Dates Hauled: **6/12/23, 6/17/23, 7/1/23, 7/10/23, 7/15/23, 7/20/23, 8/1/23, 8/12/23, 8/25/23 & 8/26/23**

Amount Hauled:

Enter the amount of manure hauled in tons or cubic yards (indicate the units used), the manure solids content (if amount reported in tons) or manure density (if amount reported in cubic yards), and the method used to calculate the amount:

Manure: **N/A** Tons

Manure Solids Content (if amount reported in tons): _____

Method used to determine amount of manure: _____

_____

Enter the amount of process wastewater hauled in gallons and the method used to determine the amount.

Process Wastewater: **5,490,650** Gallons

Method used to determine volume of process wastewater: _____

Pump Run Time x Average Pump GPM

Written Agreement:

Does the Operator have a written agreement (in compliance with Land Application Specification C.2 of Waste Discharge Requirements General Order No. R5-2007-0035) with any party that receives process wastewater from the Operator for its own use? (please check one)

X Yes _____ No

If the answer is no, the Operator agrees to have such a written agreement with any such party for any process wastewater transferred after **31 December 2007** to such party.
_____ (Operator shall provide initials here to acknowledge this requirement).

Certification:
I declare under the penalty of law that I personally examined and am familiar with the information submitted in this document, and that based on my inquiry of those individuals immediately responsible for obtaining the information, I believe that the information is true, accurate, and complete. I am aware that there are significant penalties for submitting false information, including the possibility of a fine and imprisonment for knowing violations.

Operator's Signature: _____ Date: 8/26/2023

Hauler's Signature: _____ Date: 8/26/2023

ATTACHMENT D

Manure Tracking Manifest
For
Existing Milk Cow Dairies

Instructions:

1) Complete one manifest for each hauling event, for each destination. A hauling event may last for several days, as long as the manure is being hauled to the same destination.
2) If there are multiple destinations, **complete a separate form for each destination**.
3) The operator must obtain the signature of the hauler upon completion of each manure-hauling event.
4) The operator shall submit copies of manure/process wastewater tracking manifest(s) with the Annual Monitoring Report for Existing Milk Cow Dairies.

Operator Information:

Name of Operator:	**Tiberio, Henry or Emmanuel Azevedo**
Name of Dairy Facility:	**Tiberio Azevedo Dairy**
Facility Address:	**21480 August Avenue, Hilmar, CA 95324**
Contact Person Name and Phone Number:	**Tiberio or Henry Azevedo (209) 678-3074**

Manure Hauler Information:

Name of Hauling Company/Person:	**Tiberio Azevedo Dairy**
Address of Hauling Company /Person:	**21480 August Avenue, Hilmar, CA 95324**
Contact Person and Phone Number:	**Henry Azevedo (209) 678-3074**

Destination Information:

Composting Facility / Broker / Farmer / Other (identify) **Farmer** (please circle one)

Contact information of Composting Facility, Broker, Farmer, or Other (as identified above):

Name	Number and Street	City	Zip Code	Phone Number
B-6 Dairy	**22014 Turner Road**	**Hilmar**	**95324**	**(209) 632-1456**

Manure/Process Wastewater Destination Address or Assessor's Parcel Number:

Number and Street	City	Zip Code	Assessor's Parcel Number
	Merced County		**X045-X170-X003-XXXX**

Dates Hauled: **3/25/23, 4/14/23, 6/18/23, 7/4/23, 7/12/23, 8/3/23, & 8/19/23**

Amount Hauled:

Enter the amount of manure hauled in tons or cubic yards (indicate the units used), the manure solids content (if amount reported in tons) or manure density (if amount reported in cubic yards), and the method used to calculate the amount:

Manure: **N/A** Tons

Manure Solids Content (if amount reported in tons): _____

Method used to determine amount of manure: _____

_____

Enter the amount of process wastewater hauled in gallons and the method used to determine the amount.

Process Wastewater: **6,586,050** Gallons

Method used to determine volume of process wastewater: _____

Pump Run Time x Average Pump GPM

Written Agreement:

Does the Operator have a written agreement (in compliance with Land Application Specification C.2 of Waste Discharge Requirements General Order No. R5-2007-0035) with any party that receives process wastewater from the Operator for its own use? (please check one)

X Yes _____ No

If the answer is no, the Operator agrees to have such a written agreement with any such party for any process wastewater transferred after **31 December 2007** to such party.
_____ (Operator shall provide initials here to acknowledge this requirement).

Certification:
I declare under the penalty of law that I personally examined and am familiar with the information submitted in this document, and that based on my inquiry of those individuals immediately responsible for obtaining the information, I believe that the information is true, accurate, and complete. I am aware that there are significant penalties for submitting false information, including the possibility of a fine and imprisonment for knowing violations.

Operator's Signature: _____ Date: 8/19/2023

Hauler's Signature: _____ Date: 8/19/2023

DELLAVALLE™
LABORATORY INC

R & J Avila Inc
8119 Ellington Ave
Hilmar, CA 95324

Account# 00-0019840
Account Manager: Ben Nydam
Submitted By: Rui & John Avila
Ranch: Tiberio Azevedo

Received: 11/14/2023 15:45
Reported: 11/21/2023 09:29

Samples in this Report

Lab ID	Sample	Matrix	Sampled By	Crop	Date Sampled
23K0676-01	Booker Well	Ag Water	T. Madruga		11/13/2023 15:15
23K0676-02	Grandma's Well	Ag Water	T. Madruga		11/13/2023 15:30
23K0676-03	Well #1	Ag Water	T. Madruga		11/13/2023 15:45
23K0676-04	Well #2	Ag Water	T. Madruga		11/13/2023 16:00

Default Cooler Temperature on Receipt °C: 3.3
Containers Intact
COC/Labels Agree
Received On Ice

Notes and Definitions

Item	Definition
H	Hold Time Exceeded
MCL	Drinking Water Maximum Contaminant Level
ND	Analyte NOT DETECTED at or above the reporting limit.
NES	Not Enough Sample
*	Not Taken
RPD	Relative Percent Difference
%REC	Percent Recovery
Source	Sample that was matrix spiked or duplicated.

Scott McFriedland

Laboratory Director/Technical Manager

ELAP Certification #1595
A2LA Certification #6440.02

The results in this report apply to the samples as received and were analyzed in accordance with the chain of custody document. This analytical report must be reproduced in its entirety. All results listed in this report are for the exclusive use of the submitting party. Dellavalle Laboratory, Inc. assumes no responsibility for report alteration, separation, detachment or third party interpretation.

DELLAVALLE™
LABORATORY INC

R & J Avila Inc
8119 Ellington Ave
Hilmar, CA 95324

Account# 00-0019840
Account Manager: Ben Nydam
Submitted By: Rui & John Avila
Ranch: Tiberio Azevedo

Received: 11/14/2023 15:45
Reported: 11/21/2023 09:29

Sample Results

Sample: Booker Well
23K0676-01 (Water)

Sampled: 11/13/2023 15:15
Sampled By: T. Madruga

Analyte	Result	Units	Reporting Limit	DIL	DW MCL	Date/Time Analyzed	Method	Notes	Batch
Electrical Conductivity	**0.37**	mmhos/cm	0.01	1		11/16/23 13:05	SM 2510 B		BEK0477
Electrical Conductivity umhos	**371**	umhos/cm	10.0	1		11/16/23 13:05	SM 2510 B		BEK0477
Ammonia (as N)	ND	mg/L	0.00	1		11/13/23 15:15	Field		BEK0422
Nitrate Nitrogen as NO3N	**15.5**	mg/L	0.1	1	10	11/14/23 20:01	EPA 300.0		BEK0412
Temperature	**25.0**	units	0.0	1		11/16/23 13:05	SM 4500-H+	H	BEK0477
pH	**7.2**	units	1.0	1		11/16/23 13:05	SM 4500-H+	H	BEK0477

The results in this report apply to the samples as received and were analyzed in accordance with the chain of custody document. This analytical report must be reproduced in its entirety. All results listed in this report are for the exclusive use of the submitting party. Dellavalle Laboratory, Inc. assumes no responsibility for report alteration, separation, detachment or third party interpretation.

DELLAVALLE™
LABORATORY INC

R & J Avila Inc
8119 Ellington Ave
Hilmar, CA 95324

Account# 00-0019840
Account Manager: Ben Nydam
Submitted By: Rui & John Avila
Ranch: Tiberio Azevedo

Received: 11/14/2023 15:45
Reported: 11/21/2023 09:29

Sample Results
(Continued)

Sample: Grandma's Well
23K0676-02 (Water)

Sampled: 11/13/2023 15:30
Sampled By: T. Madruga

Analyte	Result	Units	Reporting Limit	DIL	DW MCL	Date/Time Analyzed	Method	Notes	Batch
Electrical Conductivity	**1.18**	mmhos/cm	0.01	1		11/16/23 13:07	SM 2510 B		BEK0477
Electrical Conductivity umhos	**1180**	umhos/cm	10.0	1		11/16/23 13:07	SM 2510 B		BEK0477
Ammonia (as N)	ND	mg/L	0.00	1		11/13/23 15:30	Field		BEK0422
Nitrate Nitrogen as NO3N	**36.4**	mg/L	0.1	1	10	11/15/23 00:59	EPA 300.0		BEK0412
Temperature	**25.0**	units	0.0	1		11/16/23 13:07	SM 4500-H+	H	BEK0477
pH	**7.8**	units	1.0	1		11/16/23 13:07	SM 4500-H+	H	BEK0477

The results in this report apply to the samples as received and were analyzed in accordance with the chain of custody document. This analytical report must be reproduced in its entirety. All results listed in this report are for the exclusive use of the submitting party. Dellavalle Laboratory, Inc. assumes no responsibility for report alteration, separation, detachment or third party interpretation.

DELLAVALLE™
LABORATORY INC

R & J Avila Inc
8119 Ellington Ave
Hilmar, CA 95324

Account# 00-0019840
Account Manager: Ben Nydam
Submitted By: Rui & John Avila
Ranch: Tiberio Azevedo

Received: 11/14/2023 15:45
Reported: 11/21/2023 09:29

Sample Results
(Continued)

Sample: Well #1
23K0676-03 (Water)

Sampled: 11/13/2023 15:45
Sampled By: T. Madruga

Analyte	Result	Units	Reporting Limit	DIL	DW MCL	Date/Time Analyzed	Method	Notes	Batch
Electrical Conductivity	**1.36**	mmhos/cm	0.01	1		11/16/23 13:08	SM 2510 B		BEK0477
Electrical Conductivity umhos	**1360**	umhos/cm	10.0	1		11/16/23 13:08	SM 2510 B		BEK0477
Ammonia (as N)	ND	mg/L	0.00	1		11/13/23 15:45	Field		BEK0422
Nitrate Nitrogen as NO3N	**58.0**	mg/L	0.1	1	10	11/15/23 01:19	EPA 300.0		BEK0412
Temperature	**25.0**	units	0.0	1		11/16/23 13:08	SM 4500-H+	H	BEK0477
pH	**7.6**	units	1.0	1		11/16/23 13:08	SM 4500-H+	H	BEK0477

The results in this report apply to the samples as received and were analyzed in accordance with the chain of custody document. This analytical report must be reproduced in its entirety. All results listed in this report are for the exclusive use of the submitting party. Dellavalle Laboratory, Inc. assumes no responsibility for report alteration, separation, detachment or third party interpretation.

DELLAVALLE™
LABORATORY INC

R & J Avila Inc
8119 Ellington Ave
Hilmar, CA 95324

Account# 00-0019840
Account Manager: Ben Nydam
Submitted By: Rui & John Avila
Ranch: Tiberio Azevedo

Received: 11/14/2023 15:45
Reported: 11/21/2023 09:29

Sample Results
(Continued)

Sample: Well #2
23K0676-04 (Water)

Sampled: 11/13/2023 16:00
Sampled By: T. Madruga

Analyte	Result	Units	Reporting Limit	DIL	DW MCL	Date/Time Analyzed	Method	Notes	Batch
Electrical Conductivity	**1.34**	mmhos/cm	0.01	1		11/17/23 11:16	SM 2510 B		BEK0478
Electrical Conductivity umhos	**1340**	umhos/cm	10.0	1		11/17/23 11:16	SM 2510 B		BEK0478
Ammonia (as N)	ND	mg/L	0.00	1		11/13/23 16:00	Field		BEK0422
Nitrate Nitrogen as NO3N	**53.4**	mg/L	0.1	1	10	11/15/23 01:39	EPA 300.0		BEK0412
Temperature	**25.0**	units	0.0	1		11/17/23 11:16	SM 4500-H+	H	BEK0478
pH	**7.6**	units	1.0	1		11/17/23 11:16	SM 4500-H+	H	BEK0478

The results in this report apply to the samples as received and were analyzed in accordance with the chain of custody document. This analytical report must be reproduced in its entirety. All results listed in this report are for the exclusive use of the submitting party. Dellavalle Laboratory, Inc. assumes no responsibility for report alteration, separation, detachment or third party interpretation.

DELLAVALLE™
LABORATORY INC

R & J Avila Inc
8119 Ellington Ave
Hilmar, CA 95324

Account# 00-0019840
Account Manager: Ben Nydam
Submitted By: Rui & John Avila
Ranch: Tiberio Azevedo

Received: 11/14/2023 15:45
Reported: 11/21/2023 09:29

Quality Control

Analyte	Result	Qual	Reporting Limit	Units	Spike Level	Source Result	%REC	%REC Limits	RPD	RPD Limit
Batch: BEK0412										
Blank (BEK0412-BLK1)					Prepared & Analyzed: 11/14/2023					
Nitrate Nitrogen as NO3N	ND		0.1	mg/L						
Blank (BEK0412-BLK2)					Prepared & Analyzed: 11/14/2023					
Nitrate Nitrogen as NO3N	ND		0.1	mg/L						
Blank (BEK0412-BLK3)					Prepared: 11/14/2023 Analyzed: 11/15/2023					
Nitrate Nitrogen as NO3N	ND		0.1	mg/L						
LCS (BEK0412-BS1)					Prepared & Analyzed: 11/14/2023					
Nitrate Nitrogen as NO3N	5.0		0.1	mg/L	5.000		100	90-110		
LCS (BEK0412-BS2)					Prepared: 11/14/2023 Analyzed: 11/15/2023					
Nitrate Nitrogen as NO3N	5.0		0.1	mg/L	5.000		100	90-110		
Duplicate (BEK0412-DUP1)		**Source: 23K0676-01**			Prepared & Analyzed: 11/14/2023					
Nitrate Nitrogen as NO3N	15.7		0.1	mg/L		15.5			0.802	10
Duplicate (BEK0412-DUP2)		**Source: 23K0676-02**			Prepared: 11/14/2023 Analyzed: 11/15/2023					
Nitrate Nitrogen as NO3N	36.4		0.1	mg/L		36.4			0.0192	10
Matrix Spike (BEK0412-MS1)		**Source: 23K0676-01**			Prepared & Analyzed: 11/14/2023					
Nitrate Nitrogen as NO3N	20.6		0.1	mg/L	5.000	15.5	102	90-110		
Matrix Spike (BEK0412-MS2)		**Source: 23K0676-02**			Prepared: 11/14/2023 Analyzed: 11/15/2023					
Nitrate Nitrogen as NO3N	42.1		0.1	mg/L	5.000	36.4	113	90-110		
Reference (BEK0412-SRM1)					Prepared & Analyzed: 11/14/2023					
Nitrate Nitrogen as NO3N	9.8			mg/L	10.00		97.9	90-110		
Reference (BEK0412-SRM2)					Prepared: 11/14/2023 Analyzed: 11/15/2023					
Nitrate Nitrogen as NO3N	9.9			mg/L	10.00		98.7	90-110		
Reference (BEK0412-SRM3)					Prepared: 11/14/2023 Analyzed: 11/15/2023					
Nitrate Nitrogen as NO3N	9.9			mg/L	10.00		99.2	90-110		

The results in this report apply to the samples as received and were analyzed in accordance with the chain of custody document. This analytical report must be reproduced in its entirety. All results listed in this report are for the exclusive use of the submitting party. Dellavalle Laboratory, Inc. assumes no responsibility for report alteration, separation, detachment or third party interpretation.

DELLAVALLE™
LABORATORY INC

R & J Avila Inc
8119 Ellington Ave
Hilmar, CA 95324

Account# 00-0019840
Account Manager: Ben Nydam
Submitted By: Rui & John Avila
Ranch: Tiberio Azevedo

Received: 11/14/2023 15:45
Reported: 11/21/2023 09:29

Quality Control
(Continued)

Analyte	Result	Qual	Reporting Limit	Units	Spike Level	Source Result	%REC	%REC Limits	RPD	RPD Limit
Batch: BEK0477										
Blank (BEK0477-BLK1)					Prepared: 11/15/2023	Analyzed: 11/16/2023				
Temperature	25.0		0.0	units						
Electrical Conductivity	ND		0.01	mmhos/cm						
Electrical Conductivity umhos	ND		10.0	umhos/cm						
pH	5.5		1.0	units						
Blank (BEK0477-BLK2)					Prepared: 11/15/2023	Analyzed: 11/16/2023				
Electrical Conductivity	ND		0.01	mmhos/cm						
Temperature	25.0		0.0	units						
Electrical Conductivity umhos	ND		10.0	umhos/cm						
pH	7.5		1.0	units						
Blank (BEK0477-BLK3)					Prepared: 11/15/2023	Analyzed: 11/16/2023				
Temperature	25.0		0.0	units						
Electrical Conductivity	ND		0.01	mmhos/cm						
Electrical Conductivity umhos	ND		10.0	umhos/cm						
pH	7.3		1.0	units						
Duplicate (BEK0477-DUP1)		**Source: 23K0667-01**			Prepared: 11/15/2023	Analyzed: 11/16/2023				
Electrical Conductivity	4.04		0.01	mmhos/cm		4.04			0.0495	10
pH	7.8		1.0	units		7.6			1.82	10
Electrical Conductivity umhos	4040		10.0	umhos/cm		4040			0.0495	10
Duplicate (BEK0477-DUP2)		**Source: 23K0676-03**			Prepared: 11/15/2023	Analyzed: 11/16/2023				
Electrical Conductivity	1.35		0.01	mmhos/cm		1.36			0.791	10
pH	7.6		1.0	units		7.6			0.264	10
Electrical Conductivity umhos	1350		10.0	umhos/cm		1360			0.791	10
Reference (BEK0477-SRM1)					Prepared: 11/15/2023	Analyzed: 11/16/2023				
Electrical Conductivity	578			umhos/cm	538.0		107	90-110		
Reference (BEK0477-SRM2)					Prepared: 11/15/2023	Analyzed: 11/16/2023				
pH	7.5			units	7.520		100	67021-101.32		
Reference (BEK0477-SRM3)					Prepared: 11/15/2023	Analyzed: 11/16/2023				
Electrical Conductivity	1060			umhos/cm	1000		106	90-110		
Electrical Conductivity umhos	1060			umhos/cm	1000		106	90-110		
Reference (BEK0477-SRM4)					Prepared: 11/15/2023	Analyzed: 11/16/2023				
Electrical Conductivity	1080			umhos/cm	1000		108	90-110		
Electrical Conductivity umhos	1080			umhos/cm	1000		108	90-110		
Reference (BEK0477-SRM5)					Prepared: 11/15/2023	Analyzed: 11/16/2023				
Electrical Conductivity	1060			umhos/cm	1000		106	90-110		

The results in this report apply to the samples as received and were analyzed in accordance with the chain of custody document. This analytical report must be reproduced in its entirety. All results listed in this report are for the exclusive use of the submitting party. Dellavalle Laboratory, Inc. assumes no responsibility for report alteration, separation, detachment or third party interpretation.

DELLAVALLE™
LABORATORY INC

R & J Avila Inc
8119 Ellington Ave
Hilmar, CA 95324

Account# 00-0019840
Account Manager: Ben Nydam
Submitted By: Rui & John Avila
Ranch: Tiberio Azevedo

Received: 11/14/2023 15:45
Reported: 11/21/2023 09:29

Quality Control
(Continued)

Analyte	Result	Qual	Reporting Limit	Units	Spike Level	Source Result	%REC	%REC Limits	RPD	RPD Limit
Batch: BEK0477 (Continued)										
Reference (BEK0477-SRM5)					Prepared: 11/15/2023	Analyzed: 11/16/2023				
Electrical Conductivity umhos	1060			umhos/cm	1000		106	90-110		
Reference (BEK0477-SRM6)					Prepared: 11/15/2023	Analyzed: 11/16/2023				
pH	4.0			units	4.000		100	97.5-102.5		
Reference (BEK0477-SRM7)					Prepared: 11/15/2023	Analyzed: 11/16/2023				
pH	4.0			units	4.000		100	97.5-102.5		
Reference (BEK0477-SRM8)					Prepared: 11/15/2023	Analyzed: 11/16/2023				
pH	4.0			units	4.000		100	97.5-102.5		

The results in this report apply to the samples as received and were analyzed in accordance with the chain of custody document. This analytical report must be reproduced in its entirety. All results listed in this report are for the exclusive use of the submitting party. Dellavalle Laboratory, Inc. assumes no responsibility for report alteration, separation, detachment or third party interpretation.

DELLAVALLE™ LABORATORY INC

R & J Avila Inc
8119 Ellington Ave
Hilmar, CA 95324

Account# 00-0019840
Account Manager: Ben Nydam
Submitted By: Rui & John Avila
Ranch: Tiberio Azevedo

Received: 11/14/2023 15:45
Reported: 11/21/2023 09:29

Quality Control
(Continued)

Analyte	Result	Qual	Reporting Limit	Units	Spike Level	Source Result	%REC	%REC Limits	RPD	RPD Limit
Batch: BEK0478										
Blank (BEK0478-BLK1)					Prepared: 11/15/2023	Analyzed: 11/17/2023				
Temperature	25.0		0.0	units						
Electrical Conductivity	ND		0.01	mmhos/cm						
pH	6.0		1.0	units						
Electrical Conductivity umhos	ND		10.0	umhos/cm						
Blank (BEK0478-BLK2)					Prepared: 11/15/2023	Analyzed: 11/17/2023				
Temperature	25.0		0.0	units						
Electrical Conductivity	ND		0.01	mmhos/cm						
pH	7.1		1.0	units						
Electrical Conductivity umhos	ND		10.0	umhos/cm						
Blank (BEK0478-BLK3)					Prepared: 11/15/2023	Analyzed: 11/17/2023				
Electrical Conductivity	ND		0.01	mmhos/cm						
Temperature	25.0		0.0	units						
pH	7.5		1.0	units						
Electrical Conductivity umhos	ND		10.0	umhos/cm						
Duplicate (BEK0478-DUP1)		**Source: 23K0682-02**			Prepared: 11/15/2023	Analyzed: 11/17/2023				
Electrical Conductivity	2.44		0.01	mmhos/cm		2.44			0.0205	10
pH	7.8		1.0	units		7.8			0.128	10
Electrical Conductivity umhos	2440		10.0	umhos/cm		2440			0.0205	10
Duplicate (BEK0478-DUP2)		**Source: 23K0690-02**			Prepared: 11/15/2023	Analyzed: 11/17/2023				
Electrical Conductivity	1.19		0.01	mmhos/cm		1.18			0.304	10
pH	7.8		1.0	units		7.8			0.128	10
Electrical Conductivity umhos	1190		10.0	umhos/cm		1180			0.304	10
Reference (BEK0478-SRM1)					Prepared: 11/15/2023	Analyzed: 11/17/2023				
Electrical Conductivity	562			umhos/cm	538.0		105	90-110		
Reference (BEK0478-SRM2)					Prepared: 11/15/2023	Analyzed: 11/17/2023				
pH	7.5			units	7.520		100	67021-101.32		
Reference (BEK0478-SRM3)					Prepared: 11/15/2023	Analyzed: 11/17/2023				
Electrical Conductivity	1060			umhos/cm	1000		106	90-110		
Electrical Conductivity umhos	1060			umhos/cm	1000		106	90-110		
Reference (BEK0478-SRM4)					Prepared: 11/15/2023	Analyzed: 11/17/2023				
Electrical Conductivity	1060			umhos/cm	1000		106	90-110		
Electrical Conductivity umhos	1060			umhos/cm	1000		106	90-110		
Reference (BEK0478-SRM5)					Prepared: 11/15/2023	Analyzed: 11/17/2023				
Electrical Conductivity	1080			umhos/cm	1000		108	90-110		

The results in this report apply to the samples as received and were analyzed in accordance with the chain of custody document. This analytical report must be reproduced in its entirety. All results listed in this report are for the exclusive use of the submitting party. Dellavalle Laboratory, Inc. assumes no responsibility for report alteration, separation, detachment or third party interpretation.

DELLAVALLE™
LABORATORY INC

R & J Avila Inc
8119 Ellington Ave
Hilmar, CA 95324

Account# 00-0019840
Account Manager: Ben Nydam
Submitted By: Rui & John Avila
Ranch: Tiberio Azevedo

Received: 11/14/2023 15:45
Reported: 11/21/2023 09:29

Quality Control
(Continued)

Analyte	Result	Qual	Reporting Limit	Units	Spike Level	Source Result	%REC	%REC Limits	RPD	RPD Limit
Batch: BEK0478 (Continued)										
Reference (BEK0478-SRM5)					Prepared: 11/15/2023	Analyzed: 11/17/2023				
Electrical Conductivity umhos	1080			umhos/cm	1000		108	90-110		
Reference (BEK0478-SRM6)					Prepared: 11/15/2023	Analyzed: 11/17/2023				
pH	4.0			units	4.000		100	97.5-102.5		
Reference (BEK0478-SRM7)					Prepared: 11/15/2023	Analyzed: 11/17/2023				
pH	4.0			units	4.000		100	97.5-102.5		
Reference (BEK0478-SRM8)					Prepared: 11/15/2023	Analyzed: 11/17/2023				
pH	4.0			units	4.000		100	97.5-102.5		

The results in this report apply to the samples as received and were analyzed in accordance with the chain of custody document. This analytical report must be reproduced in its entirety. All results listed in this report are for the exclusive use of the submitting party. Dellavalle Laboratory, Inc. assumes no responsibility for report alteration, separation, detachment or third party interpretation.

11/14/23 15:45 23K0676

DELLAVALLE LABORATORY, INC.

1910 W. McKinley Avenue, Suite 110 • Fresno, CA 93728
www.dellavallelab.com 559 233-6129 · 800 228-9896 · Fax 559 268-8174

JG

No. Samples: 4 No. of Bottles: 4

Purchase Order No | Bill To: Acct # 19840 Cons # 08

Results Need By

Water Type: [ ] Drinking Water [ ] Wastewater
[X] Ag Water [ ] Groundwater [ ] Monitoring Well

Name: R & J Avila Inc
Address: 8119 Ellington Avenue
City: Hilmar **State:** CA **Zip:** 95324
Telephone: (209) 669-7919 **Fax:** (209) 634-4604
Cell/Email: 209 678-3086 Rui / 209 678-1723 John frontdesk.randjavila@gmail.com
COPY TO:
REQUESTED BY: Rui & John Avila
PROJECT Tiberio Azevedo
ID CROP: N/A

[X] Copy of Chain [X] QA/QC Documents
Sampled By: T. Madruga

Other:
Analysis and Bottles Required: (Please indicate Analysis)

(X) DWW1: EC, pH, NO_3-N (NH4-N Field Test)
(1-1 Liter Plastic, Unpreserved) White Per Sample
( ) DWW2: DWW1 Plus SO_4, CO_3, HCO_3, Cl, Ca, Mg, Na, TDS
(1-1 Liter Plastic, Unpreserved) White Per Sample
( ) DCW1: EC, NO_3-N, TDS + TKN & TN
(1-1 Liter Plastic, Unpreserved) White Per Sample
( ) DPW1: EC, pH, NO_3-N, NH_4-N, TKN, TDS, TP, TK
(1-1 Liter Plastic, Unpreserved) White Per Sample
( ) DPW2: DPW1 Plus SO_4, CO_3, HCO_3, Cl, Ca, Mg, Na
(1-1 Liter Plastic, Unpreserved) White Per Sample
( ) Other

	Description of Samples	Date Sampled	Time Sampled	Rec'd Temp °C	Field NH_4-N
1	Booker Well	11/13/2023	1515	3.3	ND
2	Grandma's Well	11/13/2023	1530	3.1	ND
3	Well #1	11/13/2023	1545	3.8	ND
4	Well #2	11/13/2023	1600	2.4	ND
5					
6					
7					
8					
9					
10					

IR Thermometer SN: 192603727
Correction Factor: 0°C
Calibration Due: 12/22/2023
Location: Laboratory

CHAIN OF CUSTODY

Carrier	Signature	Company	Received (Date/Time)	Relinquished (Date/Time)
First	John Avila	R & J Avila, Inc.	11/13/2023 @ 1600	11/14/2023 @ 900
Second	JLF	Dellavalle Laboratory, Inc.	11/14/2023 @ 900	11-14-23 3:30
Third				
Fourth	[illegible]	DLI	11/14 15:45	

I guarantee that as the client, or on behalf of client named, I have the authority to contract the above requested services. Should it be found that I do not have such authority, I agree to be personally liable for all costs and, if there should be action against me for this breach, reasonable attorneys' fees. It is understood that payment is expected to be cash with samples unless terms have been previously arranged. Terms are net 30 days; overdue accounts will be charged a liquidated damage fee of 2% per month (annually 24%) or $5.00 per month whichever is greater.
If payment is not made when due and a legitimate dispute exists concerning the product or services of Dellavalle Laboratory, Inc., it will be submitted to mediation under the Rules and Procedures of Creative Alternative to Litigation, Inc. (*cal*). If the dispute is not resolved in mediation, then the dispute will be submitted to binding arbitration through ***cal*** under its Rules and Procedures. The parties will equally bear the costs of mediation/arbitration. If, however, the mediator declares that no legitimate dispute exists, then debtor will pay all mediation and arbitration costs, and in the event of arbitration,reasonable attorneys' fees of Dellavalle Laboratory.

Invoicing Information:
Sampling hrs
Miles
Consulting

Shipping
$ In
$ Out

Amt Paid	Rec By	Check #	Date

Signature

Samples recieved in cooler with ice (coolant)
[ ] Yes [ ] No

11/14/23 15:45 23K0676

Shipping Information: Fed Ex ☐ UPS ☐ GSO ☐ Picked-Up ☒ Walk In ☐ DLI Sampler ☐
Ontrac ☐ PMS ☐ USPS ☐ Other ☐ _____

Shipping Container: Ice Chest ☒ None ☐ Box ☐

Refrigerant: Wet Ice: ☒ Blue Ice: ☐ None: ☐

Container(s) Received	1	2	3	4	5	6	7	8	9	10
Plastics:										
100 mL sterile plastic $Na_2S_2O_3$ (Green)										
250 mL unpreserved (White)										
250 mL HNO_3 (Red)										
250 mL H_2SO_4 (Yellow)										
500 mL unpreserved (White)										
500 mL HNO_3 (Red)										
500 mL H_2SO_4 (Yellow)										
1 L unpreserved (White)	1	1	1	1						
1 L unpreserved (BOD) (Purple)										
1 L HNO_3 (Red)										
1 L H_2SO_4 (Yellow)										
VOA Vials in sets of 3:										
40 mL VOA, HCl (Blue)										
40 mL VOA, $Na_2S_2O_3$ (Green)										
40 mL VOA, unpreserved (White)										
Glass:										
250 mL AG unpreserved (White)										
250 mL AG H_2SO_4 (Yellow)										
250 mL AG $Na_2S_2O_3$ (Green)										
250 mL AG $Na_2S_2O_3$ + MCAA										
500 mL glass unpreserved (White)										
500 mL AG HCl (Blue)										
1 L AG unpreserved (White)										
1 L AG H_2SO_4 (Yellow)										
1 L AG $Na_2S_2O_3$ (Green)										
1 L AG HCl (Blue)										
Special:										
Cr^{6+} w/Borate/HCO3/CO3										
Cyanide - 500 mL NaOH										
Asbestos - 2 - 1L P wrapped in foil										
500 mL or 1 L **AP** $Na_2S_2O_3$ (Green)										
1 L **AG** or **P** NaOH + ZnAc (Sulfide)										
Chlorite/Bromate 250 mL AG with EDA										
TTHM										
HAA5										
40 mL VOA, $Na_2S_2O_3$ + MCAA										