Annual Report - General Order No. R5-2007-0035
Reporting period 01/01/2023 to 12/31/2023.

DAIRY FACILITY INFORMATION

A. NAME OF DAIRY OR BUSINESS OPERATING THE DAIRY: Wagner Dairy L.P.

Physical address of dairy:

22176 Skiff RD	Escalon	San Joaquin	95320
Number and Street	City	County	Zip Code

Street and nearest cross street (if no address):

Date facility was originally placed in operation: 01/01/1945

Regional Water Quality Control Board Basin Plan designation: San Joaquin River Basin

County Assessor Parcel Number(s) for dairy facility:

X187-X250-XX06-XXXX X205-X200-XX02-XXXX X207-X160-XX01-XXXX X207-X160-XX02-XXXX

B. OPERATORS

Wagner, Dustin

Operator name: Wagner, Dustin Telephone no.: (209) 838-7547 (Landline) (209) 652-5192 (Cellular)

22176 Skiff RD	Escalon	CA	95320
Mailing Address Number and Street	City	State	Zip Code

This operator is responsible for paying permit fees.

Wagner, Richard Albert

Operator name: Wagner, Richard Albert Telephone no.: (209) 838-7547 (Landline) (Cellular)

22176 Skiff RD	Escalon	CA	95320
Mailing Address Number and Street	City	State	Zip Code

C. OWNERS

Wagner, Dustin

Legal owner name:	Wagner, Dustin	Telephone no.:	(209) 838-7547	(209) 652-5192
			Landline	Cellular
22176 Skiff RD	Escalon		CA	95320
Mailing Address Number and Street	City		State	Zip Code

This owner is responsible for paying permit fees.

Wagner, Richard Albert

Legal owner name:	Wagner, Richard Albert	Telephone no.:	(209) 838-7547	
			Landline	Cellular
22176 Skiff RD	Escalon		CA	95320
Mailing Address Number and Street	City		State	Zip Code

Annual Report - General Order No. R5-2007-0035
Reporting period 01/01/2023 to 12/31/2023.

AVAILABLE NUTRIENTS

A. HERD INFORMATION

	Milk Cows	Dry Cows	Bred Heifers (15-24 mo.)	Heifers (7-14 mo. to breeding)	Calves (4-6 mo.)	Calves (0-3 mo.)
Number open confinement	0	0	900	600	350	0
Number under roof	1,800	270	0	0	0	0
Maximum number	1,800	270	900	600	350	0
Average number	1,800	270	900	600	350	0
Avg live weight (lbs)	1,400	1,450	1,000	700		

Predominant milk cow breed: Holstein

Average milk production: 78 *pounds per cow per day*

B. MANURE GENERATED

Total manure excreted by the herd: 68,120.52 *tons per reporting period*

Total nitrogen from manure: 835,290.40 *lbs per reporting period*

After ammonia losses (30% loss applied): 584,703.28 *lbs per reporting period*

Total phosphorus from manure: 138,122.01 *lbs per reporting period*

Total potassium from manure: 354,177.41 *lbs per reporting period*

Total salt from manure: 909,616.50 *lbs per reporting period*

C. PROCESS WASTEWATER GENERATED

Process wastewater generated: 41,524,500 *gallons*

Total nitrogen generated: 194,688.97 *lbs*

Total phosphorus generated: 22,474.60 *lbs*

Total potassium generated: 183,170.27 *lbs*

Total salt generated: 1,554,301.98 *lbs*

	41,524,500	*gallons applied*
+	0	*gallons exported*
-	0	*gallons imported*
=	41,524,500	*gallons generated*

D. FRESH WATER SOURCES

Source Description	Type
Canal	Surface water
Irrigation Well	Ground water

E. SUBSURFACE (TILE) DRAINAGE SOURCES

No subsurface (tile) drainage sources entered.

F. NUTRIENT IMPORTS

No dry manure nutrient imports entered.

No process wastewater nutrient imports entered.

Date	Material type / Description	Quantity	Reporting basis	Moisture (%)	N (%)	P (%)	K (%)	Salt (%)
03/02/2023	Solid commercial fertilizer *CAN 17*	70.44 *ton*	As-is	0.1	17.000000	0.000000	0.000000	0.000000
04/14/2023	Solid commercial fertilizer *UN32*	34.87 *ton*	As-is	0.1	32.000000	0.000000	0.000000	0.000000
04/18/2023	Solid commercial fertilizer *CAN 17*	6.12 *ton*	As-is	0.1	17.000000	0.000000	0.000000	0.000000
06/20/2023	Solid commercial fertilizer *4-0-0*	41.30 *ton*	As-is	0.1	4.000000	0.000000	0.000000	0.000000
07/11/2023	Solid commercial fertilizer *UN32*	3.10 *ton*	As-is	0.1	32.000000	0.000000	0.000000	0.000000

Material type	Total N (lbs)	Total P (lbs)	Total K (lbs)	Total salt (lbs)
Commercial fertilizer / Other	53,635.20	0.00	0.00	0.00
Dry manure	0.00	0.00	0.00	0.00
Process wastewater	0.00	0.00	0.00	0.00
Total imports for all materials	53,635.20	0.00	0.00	0.00

G. NUTRIENT EXPORTS

Date	Material type	Quantity	Reporting basis	Moisture (%)	Density (lbs/cu ft)	N (mg/kg)	P (mg/kg)	K (mg/kg)	Salt (mg/kg)	TFS (%)
09/25/2023	Corral solids	3,624.00 *ton*	Dry-weight	33.1		13,200.00	5,400.00	40,700.00		70.00
10/28/2023	Corral solids	3,408.00 *ton*	Dry-weight	56.3		18,700.00	10,600.00	33,800.00		26.80
10/31/2023	Corral solids	1,200.00 *ton*	Dry-weight	57.6		22,700.00	8,200.00	39,600.00		29.10
11/03/2023	Corral solids	1,980.00 *ton*	Dry-weight	57.6		22,700.00	8,200.00	39,600.00		29.10

No liquid nutrient exports entered.

Material type	Total N (lbs)	Total P (lbs)	Total K (lbs)	Total salt (lbs)
Dry manure	180,919.04	79,869.65	404,814.07	4,977,223.30
Process wastewater	0.00	0.00	0.00	0.00

Total exports for all materials	180,919.04	79,869.65	404,814.07	4,977,223.30

APPLICATION AREA

A. LIST OF LAND APPLICATION AREAS

Field name	Controlled acres	Cropable acres	Total harvests	Type of waste applied	Parcel number
1	44	44	2	process wastewater	X205-X200-XX02-XXXX
10	30	30	2	both	X207-X150-XX10-XXXX
11	32	32	2	both	X207-X150-XX10-XXXX
12	31	31	1	manure	X207-X150-XX10-XXXX
13	31	31	1	manure	X207-X150-XX10-XXXX
14	45	45	1	manure	X205-X190-XX03-XXXX
15	35	35	1	manure	X205-X190-XX03-XXXX X205-X190-XX08-XXXX X205-X190-XX29-XXXX
2	22	22	0	none	X205-X200-XX02-XXXX
3	38	38	2	process wastewater	X205-X200-XX02-XXXX
4	33	33	2	process wastewater	X207-X160-XX01-XXXX
5	40	40	2	process wastewater	X207-X160-XX01-XXXX
6	32	32	2	process wastewater	X207-X160-XX02-XXXX
7	40	40	2	process wastewater	X207-X160-XX02-XXXX
8	50	50	2	process wastewater	X207-X160-XX06-XXXX
9	52	52	2	process wastewater	X207-X160-XX06-XXXX
Carter Field 1	29	29	1	manure	X187-X250-XX06-XXXX
Carter Field 2	70	70	1	manure	X187-X250-XX07-XXXX
Carter Field 20	20	20	1	none	X187-X250-XX09-XXXX
Carter Field 22	22	22	1	process wastewater	X187-X250-XX08-XXXX
Carter Field 3	55	55	1	manure	X187-X250-XX08-XXXX
Carter Field 4	20	20	1	manure	X187-X250-XX06-XXXX
Carter Field 50	48	48	1	none	X187-X250-XX06-XXXX
Carter Field 6.a	31	31	1	none	X187-X250-XX06-XXXX
Carter Field 6.b	25	25	1	none	X187-X250-XX08-XXXX
Carter Field 6.c	11	11	1	none	X187-X250-XX09-XXXX
Carter Field 7.a	37	37	1	none	X187-X250-XX07-XXXX
Carter Field 7.b	23	23	1	none	X187-X250-XX06-XXXX
Carter Field 7.c	38	38	1	none	X187-X250-XX06-XXXX
Carter Pasture North	20	20	1	process wastewater	X187-X250-XX08-XXXX X187-X250-XX09-XXXX
Carter Pasture South	13	13	1	process wastewater	X187-X250-XX08-XXXX

Totals for areas that were used for application	762	762	31		
Totals for areas that were not used for application	255	255	8		
Land application area totals	1,017	1,017	39		

B. CROPS AND HARVESTS

1

Field name: 1

10/27/2022: Oats, silage-soft dough

Crop: Oats, silage-soft dough Acres planted: 44 Plant date: 10/27/2022

Harvest date	Yield	Reporting basis	Density (lbs/cu ft)	Moisture (%)	N (mg/kg)	P (mg/kg)	K (mg/kg)	Salt (mg/kg)	TFS (%)
05/15/2023	837.00 *ton*	As-is		56.2	5,830.00	1,200.00	9,470.00		6.80

	Yield (tons/acre)	Total N (lbs/acre)	Total P (lbs/acre)	Total K (lbs/acre)	Salt (lbs/acre)
Anticipated harvest content	16.00	160.00	25.60	132.80	0.00
Total actual harvest content	19.02	221.81	45.65	360.29	1,133.15

06/20/2023: Corn, silage

Crop: Corn, silage Acres planted: 44 Plant date: 06/20/2023

Harvest date	Yield	Reporting basis	Density (lbs/cu ft)	Moisture (%)	N (mg/kg)	P (mg/kg)	K (mg/kg)	Salt (mg/kg)	TFS (%)
10/13/2023	1,194.00 *ton*	As-is		70.0	3,690.00	640.00	4,660.00		5.80

	Yield (tons/acre)	Total N (lbs/acre)	Total P (lbs/acre)	Total K (lbs/acre)	Salt (lbs/acre)
Anticipated harvest content	30.00	240.00	45.00	198.00	0.00
Total actual harvest content	27.14	200.27	34.73	252.91	944.35

10

Field name: 10

10

10/30/2022: Oats, silage-soft dough

Crop: Oats, silage-soft dough Acres planted: 30 Plant date: 10/30/2022

Harvest date	Yield	Reporting basis	Density (lbs/cu ft)	Moisture (%)	N (mg/kg)	P (mg/kg)	K (mg/kg)	Salt (mg/kg)	TFS (%)
05/16/2023	739.00 *ton*	As-is		74.2	4,420.00	1,220.00	9,250.00		10.70

	Yield (tons/acre)	Total N (lbs/acre)	Total P (lbs/acre)	Total K (lbs/acre)	Salt (lbs/acre)
Anticipated harvest content	16.00	160.00	25.60	132.80	0.00
Total actual harvest content	24.63	217.76	60.11	455.72	1,360.06

06/21/2023: Corn, silage

Crop: Corn, silage Acres planted: 30 Plant date: 06/21/2023

Harvest date	Yield	Reporting basis	Density (lbs/cu ft)	Moisture (%)	N (mg/kg)	P (mg/kg)	K (mg/kg)	Salt (mg/kg)	TFS (%)
10/18/2023	785.00 *ton*	As-is		67.6	3,080.00	1,100.00	4,200.00		4.90

	Yield (tons/acre)	Total N (lbs/acre)	Total P (lbs/acre)	Total K (lbs/acre)	Salt (lbs/acre)
Anticipated harvest content	30.00	240.00	45.00	198.00	0.00
Total actual harvest content	26.17	161.19	57.57	219.80	830.84

11

Field name: 11

10/30/2022: Oats, silage-soft dough

Crop: Oats, silage-soft dough Acres planted: 32 Plant date: 10/30/2022

Harvest date	Yield	Reporting basis	Density (lbs/cu ft)	Moisture (%)	N (mg/kg)	P (mg/kg)	K (mg/kg)	Salt (mg/kg)	TFS (%)
05/16/2023	705.00 *ton*	As-is		67.4	6,030.00	1,160.00	11,300.00		9.80

	Yield (tons/acre)	Total N (lbs/acre)	Total P (lbs/acre)	Total K (lbs/acre)	Salt (lbs/acre)
Anticipated harvest content	16.00	160.00	25.60	132.80	0.00
Total actual harvest content	22.03	265.70	51.11	497.91	1,407.71

11

06/21/2023: Corn, silage

Crop: Corn, silage Acres planted: 32 Plant date: 06/21/2023

Harvest date	Yield	Reporting basis	Density (lbs/cu ft)	Moisture (%)	N (mg/kg)	P (mg/kg)	K (mg/kg)	Salt (mg/kg)	TFS (%)
10/18/2023	845.00 *ton*	As-is		68.0	3,360.00	760.00	4,220.00		5.90

	Yield (tons/acre)	Total N (lbs/acre)	Total P (lbs/acre)	Total K (lbs/acre)	Salt (lbs/acre)
Anticipated harvest content	30.00	240.00	45.00	198.00	0.00
Total actual harvest content	26.41	177.45	40.14	222.87	997.10

12

Field name: 12

02/10/2017: Almond, in shell

Crop: Almond, in shell Acres planted: 31 Plant date: 02/10/2017

Harvest date	Yield	Reporting basis	Density (lbs/cu ft)	Moisture (%)	N (mg/kg)	P (mg/kg)	K (mg/kg)	Salt (mg/kg)	TFS (%)
09/28/2023	200.40 *ton*	As-is		13.8	8,660.00	1,250.00	30,700.00		8.48

	Yield (tons/acre)	Total N (lbs/acre)	Total P (lbs/acre)	Total K (lbs/acre)	Salt (lbs/acre)
Anticipated harvest content	6.00	258.00	43.80	279.00	0.00
Total actual harvest content	6.46	111.97	16.16	396.92	945.08

13

Field name: 13

13

02/10/2017: Almond, in shell

Crop: Almond, in shell Acres planted: 31 Plant date: 02/10/2017

Harvest date	Yield	Reporting basis	Density (lbs/cu ft)	Moisture (%)	N (mg/kg)	P (mg/kg)	K (mg/kg)	Salt (mg/kg)	TFS (%)
09/28/2023	192.20 *ton*	As-is		10.8	10,100.00	770.00	16,700.00		9.16

	Yield (tons/acre)	Total N (lbs/acre)	Total P (lbs/acre)	Total K (lbs/acre)	Salt (lbs/acre)
Anticipated harvest content	6.00	258.00	43.80	279.00	0.00
Total actual harvest content	6.20	125.24	9.55	207.08	1,013.17

14

Field name: 14

02/09/2017: Almond, in shell

Crop: Almond, in shell Acres planted: 45 Plant date: 02/09/2017

Harvest date	Yield	Reporting basis	Density (lbs/cu ft)	Moisture (%)	N (mg/kg)	P (mg/kg)	K (mg/kg)	Salt (mg/kg)	TFS (%)
09/28/2023	270.60 *ton*	As-is		10.6	10,700.00	1,180.00	23,300.00		13.10

	Yield (tons/acre)	Total N (lbs/acre)	Total P (lbs/acre)	Total K (lbs/acre)	Salt (lbs/acre)
Anticipated harvest content	6.00	258.00	43.80	279.00	0.00
Total actual harvest content	6.01	128.69	14.19	280.22	1,408.49

15

Field name: 15

15

02/11/2017: Almond, in shell

Crop: Almond, in shell Acres planted: 34 Plant date: 02/11/2017

Harvest date	Yield	Reporting basis	Density (lbs/cu ft)	Moisture (%)	N (mg/kg)	P (mg/kg)	K (mg/kg)	Salt (mg/kg)	TFS (%)
09/28/2023	200.60 *ton*	As-is		9.4	12,900.00	2,470.00	45,500.00		13.60

	Yield (tons/acre)	Total N (lbs/acre)	Total P (lbs/acre)	Total K (lbs/acre)	Salt (lbs/acre)
Anticipated harvest content	6.00	258.00	43.80	279.00	0.00
Total actual harvest content	5.90	152.22	29.15	536.90	1,453.95

3

Field name: 3

10/27/2022: Oats, silage-soft dough

Crop: Oats, silage-soft dough Acres planted: 38 Plant date: 10/27/2022

Harvest date	Yield	Reporting basis	Density (lbs/cu ft)	Moisture (%)	N (mg/kg)	P (mg/kg)	K (mg/kg)	Salt (mg/kg)	TFS (%)
05/15/2023	718.00 *ton*	As-is		68.8	5,720.00	1,140.00	11,600.00		10.10

	Yield (tons/acre)	Total N (lbs/acre)	Total P (lbs/acre)	Total K (lbs/acre)	Salt (lbs/acre)
Anticipated harvest content	16.00	160.00	25.60	132.80	0.00
Total actual harvest content	18.89	216.16	43.08	438.36	1,190.82

06/20/2023: Corn, silage

Crop: Corn, silage Acres planted: 38 Plant date: 06/20/2023

Harvest date	Yield	Reporting basis	Density (lbs/cu ft)	Moisture (%)	N (mg/kg)	P (mg/kg)	K (mg/kg)	Salt (mg/kg)	TFS (%)
10/13/2023	898.00 *ton*	As-is		70.0	3,780.00	450.00	3,920.00		6.90

	Yield (tons/acre)	Total N (lbs/acre)	Total P (lbs/acre)	Total K (lbs/acre)	Salt (lbs/acre)
Anticipated harvest content	30.00	240.00	45.00	198.00	0.00
Total actual harvest content	23.63	178.65	21.27	185.27	978.35

4

Field name: 4

10/28/2022: Oats, silage-soft dough

Crop: Oats, silage-soft dough Acres planted: 33 Plant date: 10/28/2022

Harvest date	Yield	Reporting basis	Density (lbs/cu ft)	Moisture (%)	N (mg/kg)	P (mg/kg)	K (mg/kg)	Salt (mg/kg)	TFS (%)
05/15/2023	652.00 *ton*	As-is		63.6	5,340.00	1,270.00	13,400.00		10.30

	Yield (tons/acre)	Total N (lbs/acre)	Total P (lbs/acre)	Total K (lbs/acre)	Salt (lbs/acre)
Anticipated harvest content	16.00	160.00	25.60	132.80	0.00
Total actual harvest content	19.76	211.01	50.18	529.50	1,481.50

06/22/2023: Corn, silage

Crop: Corn, silage Acres planted: 33 Plant date: 06/22/2023

Harvest date	Yield	Reporting basis	Density (lbs/cu ft)	Moisture (%)	N (mg/kg)	P (mg/kg)	K (mg/kg)	Salt (mg/kg)	TFS (%)
10/14/2023	899.00 *ton*	As-is		70.0	3,570.00	730.00	4,850.00		7.70

	Yield (tons/acre)	Total N (lbs/acre)	Total P (lbs/acre)	Total K (lbs/acre)	Salt (lbs/acre)
Anticipated harvest content	30.00	240.00	45.00	198.00	0.00
Total actual harvest content	27.24	194.51	39.77	264.25	1,258.60

5

Field name: 5

10/28/2022: Oats, silage-soft dough

Crop: Oats, silage-soft dough Acres planted: 40 Plant date: 10/28/2022

Harvest date	Yield	Reporting basis	Density (lbs/cu ft)	Moisture (%)	N (mg/kg)	P (mg/kg)	K (mg/kg)	Salt (mg/kg)	TFS (%)
05/15/2023	696.00 *ton*	As-is		66.4	6,300.00	1,150.00	11,600.00		10.00

	Yield (tons/acre)	Total N (lbs/acre)	Total P (lbs/acre)	Total K (lbs/acre)	Salt (lbs/acre)
Anticipated harvest content	16.00	160.00	25.60	132.80	0.00
Total actual harvest content	17.40	219.24	40.02	403.68	1,169.28

5

06/22/2023: Corn, silage

Crop: Corn, silage Acres planted: 40 Plant date: 06/22/2023

Harvest date	Yield	Reporting basis	Density (lbs/cu ft)	Moisture (%)	N (mg/kg)	P (mg/kg)	K (mg/kg)	Salt (mg/kg)	TFS (%)
10/17/2023	1,197.00 *ton*	As-is		70.0	3,870.00	720.00	4,390.00		7.30

	Yield (tons/acre)	Total N (lbs/acre)	Total P (lbs/acre)	Total K (lbs/acre)	Salt (lbs/acre)
Anticipated harvest content	30.00	240.00	45.00	198.00	0.00
Total actual harvest content	29.93	231.62	43.09	262.74	1,310.72

6

Field name: 6

10/26/2022: Oats, silage-soft dough

Crop: Oats, silage-soft dough Acres planted: 32 Plant date: 10/26/2022

Harvest date	Yield	Reporting basis	Density (lbs/cu ft)	Moisture (%)	N (mg/kg)	P (mg/kg)	K (mg/kg)	Salt (mg/kg)	TFS (%)
05/15/2023	678.00 *ton*	As-is		72.0	3,100.00	720.00	7,340.00		9.90

	Yield (tons/acre)	Total N (lbs/acre)	Total P (lbs/acre)	Total K (lbs/acre)	Salt (lbs/acre)
Anticipated harvest content	16.00	160.00	25.60	132.80	0.00
Total actual harvest content	21.19	131.36	30.51	311.03	1,174.64

06/23/2023: Corn, silage

Crop: Corn, silage Acres planted: 32 Plant date: 06/23/2023

Harvest date	Yield	Reporting basis	Density (lbs/cu ft)	Moisture (%)	N (mg/kg)	P (mg/kg)	K (mg/kg)	Salt (mg/kg)	TFS (%)
10/17/2023	849.00 *ton*	As-is		66.8	3,290.00	590.00	3,770.00		6.20

	Yield (tons/acre)	Total N (lbs/acre)	Total P (lbs/acre)	Total K (lbs/acre)	Salt (lbs/acre)
Anticipated harvest content	30.00	240.00	45.00	198.00	0.00
Total actual harvest content	26.53	174.58	31.31	200.05	1,092.24

7

Field name: 7

10/26/2022: Oats, silage-soft dough

Crop: Oats, silage-soft dough Acres planted: 40 Plant date: 10/26/2022

Harvest date	Yield	Reporting basis	Density (lbs/cu ft)	Moisture (%)	N (mg/kg)	P (mg/kg)	K (mg/kg)	Salt (mg/kg)	TFS (%)
05/16/2023	842.00 *ton*	As-is		58.8	3,780.00	1,030.00	10,700.00		9.10

	Yield (tons/acre)	Total N (lbs/acre)	Total P (lbs/acre)	Total K (lbs/acre)	Salt (lbs/acre)
Anticipated harvest content	16.00	160.00	25.60	132.80	0.00
Total actual harvest content	21.05	159.14	43.36	450.47	1,578.41

06/23/2023: Corn, silage

Crop: Corn, silage Acres planted: 40 Plant date: 06/23/2023

Harvest date	Yield	Reporting basis	Density (lbs/cu ft)	Moisture (%)	N (mg/kg)	P (mg/kg)	K (mg/kg)	Salt (mg/kg)	TFS (%)
10/17/2023	1,124.00 *ton*	As-is		66.8	3,720.00	730.00	4,130.00		5.60

	Yield (tons/acre)	Total N (lbs/acre)	Total P (lbs/acre)	Total K (lbs/acre)	Salt (lbs/acre)
Anticipated harvest content	30.00	240.00	45.00	198.00	0.00
Total actual harvest content	28.10	209.06	41.03	232.11	1,044.87

8

Field name: 8

10/29/2022: Oats, silage-soft dough

Crop: Oats, silage-soft dough Acres planted: 50 Plant date: 10/29/2022

Harvest date	Yield	Reporting basis	Density (lbs/cu ft)	Moisture (%)	N (mg/kg)	P (mg/kg)	K (mg/kg)	Salt (mg/kg)	TFS (%)
05/16/2023	1,170.00 *ton*	As-is		69.6	4,940.00	1,080.00	9,900.00		8.00

	Yield (tons/acre)	Total N (lbs/acre)	Total P (lbs/acre)	Total K (lbs/acre)	Salt (lbs/acre)
Anticipated harvest content	16.00	160.00	25.60	132.80	0.00
Total actual harvest content	23.40	231.19	50.54	463.32	1,138.18

8

06/24/2023: Corn, silage

Crop: Corn, silage Acres planted: 50 Plant date: 06/24/2023

Harvest date	Yield	Reporting basis	Density (lbs/cu ft)	Moisture (%)	N (mg/kg)	P (mg/kg)	K (mg/kg)	Salt (mg/kg)	TFS (%)
10/17/2023	1,374.00 *ton*	As-is		66.4	3,600.00	630.00	3,970.00		5.70

	Yield (tons/acre)	Total N (lbs/acre)	Total P (lbs/acre)	Total K (lbs/acre)	Salt (lbs/acre)
Anticipated harvest content	30.00	240.00	45.00	198.00	0.00
Total actual harvest content	27.48	197.86	34.62	218.19	1,052.59

9

Field name: 9

10/29/2022: Oats, silage-soft dough

Crop: Oats, silage-soft dough Acres planted: 52 Plant date: 10/29/2022

Harvest date	Yield	Reporting basis	Density (lbs/cu ft)	Moisture (%)	N (mg/kg)	P (mg/kg)	K (mg/kg)	Salt (mg/kg)	TFS (%)
05/16/2023	1,136.00 *ton*	As-is		65.6	4,370.00	930.00	5,430.00		8.24

	Yield (tons/acre)	Total N (lbs/acre)	Total P (lbs/acre)	Total K (lbs/acre)	Salt (lbs/acre)
Anticipated harvest content	16.00	160.00	25.60	132.80	0.00
Total actual harvest content	21.85	190.94	40.63	237.25	1,238.48

06/25/2023: Corn, silage

Crop: Corn, silage Acres planted: 52 Plant date: 06/25/2023

Harvest date	Yield	Reporting basis	Density (lbs/cu ft)	Moisture (%)	N (mg/kg)	P (mg/kg)	K (mg/kg)	Salt (mg/kg)	TFS (%)
10/17/2023	1,598.00 *ton*	As-is		64.2	4,120.00	600.00	4,930.00		6.30

	Yield (tons/acre)	Total N (lbs/acre)	Total P (lbs/acre)	Total K (lbs/acre)	Salt (lbs/acre)
Anticipated harvest content	30.00	240.00	45.00	198.00	0.00
Total actual harvest content	30.73	253.22	36.88	303.01	1,386.20

Carter Field 1

Field name: Carter Field 1

10/03/2016: Almond, in shell

Crop: Almond, in shell Acres planted: 29 Plant date: 10/03/2016

Harvest date	Yield	Reporting basis	Density (lbs/cu ft)	Moisture (%)	N (mg/kg)	P (mg/kg)	K (mg/kg)	Salt (mg/kg)	TFS (%)
09/30/2023	188.50 *ton*	As-is		10.4	12,000.00	2,020.00	40,700.00		15.30

	Yield (tons/acre)	Total N (lbs/acre)	Total P (lbs/acre)	Total K (lbs/acre)	Salt (lbs/acre)
Anticipated harvest content	7.00	301.00	51.10	325.50	0.00
Total actual harvest content	6.50	156.00	26.26	529.10	1,782.14

Carter Field 2

Field name: Carter Field 2

10/05/2016: Almond, in shell

Crop: Almond, in shell Acres planted: 70 Plant date: 10/05/2016

Harvest date	Yield	Reporting basis	Density (lbs/cu ft)	Moisture (%)	N (mg/kg)	P (mg/kg)	K (mg/kg)	Salt (mg/kg)	TFS (%)
10/01/2023	469.00 *ton*	As-is		12.4	10,100.00	1,950.00	39,400.00		15.00

	Yield (tons/acre)	Total N (lbs/acre)	Total P (lbs/acre)	Total K (lbs/acre)	Salt (lbs/acre)
Anticipated harvest content	7.00	301.00	51.10	325.50	0.00
Total actual harvest content	6.70	135.34	26.13	527.96	1,760.76

Carter Field 20

Field name: Carter Field 20

Carter Field 20

10/20/2020: Pistacio

Crop: Pistacio Acres planted: 20 Plant date: 10/20/2020

Harvest date	Yield	Reporting basis	Density (lbs/cu ft)	Moisture (%)	N (mg/kg)	P (mg/kg)	K (mg/kg)	Salt (mg/kg)	TFS (%)
12/31/2023	0.10 *ton*	As-is		0.1	0.00	0.00	0.00		0.00

	Yield (tons/acre)	Total N (lbs/acre)	Total P (lbs/acre)	Total K (lbs/acre)	Salt (lbs/acre)
Anticipated harvest content	0.10	5.60	0.60	5.00	0.00
Total actual harvest content	0.01	0.00	0.00	0.00	0.00

Carter Field 22

Field name: Carter Field 22

10/05/2015: Alfalfa, hay

Crop: Alfalfa, hay Acres planted: 22 Plant date: 10/05/2015

Harvest date	Yield	Reporting basis	Density (lbs/cu ft)	Moisture (%)	N (mg/kg)	P (mg/kg)	K (mg/kg)	Salt (mg/kg)	TFS (%)
10/20/2023	165.00 *ton*	As-is		6.3	28,600.00	3,280.00	18,800.00		5.68

	Yield (tons/acre)	Total N (lbs/acre)	Total P (lbs/acre)	Total K (lbs/acre)	Salt (lbs/acre)
Anticipated harvest content	8.00	480.00	43.20	336.00	0.00
Total actual harvest content	7.50	429.00	49.20	282.00	798.32

Carter Field 3

Field name: Carter Field 3

Carter Field 3

10/08/2016: Almond, in shell

Crop: Almond, in shell Acres planted: 55 Plant date: 10/08/2016

Harvest date	Yield	Reporting basis	Density (lbs/cu ft)	Moisture (%)	N (mg/kg)	P (mg/kg)	K (mg/kg)	Salt (mg/kg)	TFS (%)
10/02/2023	379.50 *ton*	As-is		9.8	9,460.00	1,550.00	26,500.00		10.80

	Yield (tons/acre)	Total N (lbs/acre)	Total P (lbs/acre)	Total K (lbs/acre)	Salt (lbs/acre)
Anticipated harvest content	7.00	301.00	51.10	325.50	0.00
Total actual harvest content	6.90	130.55	21.39	365.70	1,344.34

Carter Field 4

Field name: Carter Field 4

10/10/2016: Almond, in shell

Crop: Almond, in shell Acres planted: 20 Plant date: 10/10/2016

Harvest date	Yield	Reporting basis	Density (lbs/cu ft)	Moisture (%)	N (mg/kg)	P (mg/kg)	K (mg/kg)	Salt (mg/kg)	TFS (%)
09/30/2023	128.10 *ton*	As-is		10.4	12,000.00	2,020.00	40,700.00		15.30

	Yield (tons/acre)	Total N (lbs/acre)	Total P (lbs/acre)	Total K (lbs/acre)	Salt (lbs/acre)
Anticipated harvest content	7.00	301.00	51.10	325.50	0.00
Total actual harvest content	6.41	153.72	25.88	521.37	1,756.10

Carter Field 50

Field name: Carter Field 50

Carter Field 50

10/20/2020: Pistacio

Crop: Pistacio Acres planted: 48 Plant date: 10/20/2020

Harvest date	Yield	Reporting basis	Density (lbs/cu ft)	Moisture (%)	N (mg/kg)	P (mg/kg)	K (mg/kg)	Salt (mg/kg)	TFS (%)
12/31/2023	0.10 *ton*	As-is		0.1	0.00	0.00	0.00		0.00

	Yield (tons/acre)	Total N (lbs/acre)	Total P (lbs/acre)	Total K (lbs/acre)	Salt (lbs/acre)
Anticipated harvest content	0.10	5.60	0.60	5.00	0.00
Total actual harvest content	0.00	0.00	0.00	0.00	0.00

Carter Field 6.a

Field name: Carter Field 6.a

02/05/2017: Almond, in shell

Crop: Almond, in shell Acres planted: 31 Plant date: 02/05/2017

Harvest date	Yield	Reporting basis	Density (lbs/cu ft)	Moisture (%)	N (mg/kg)	P (mg/kg)	K (mg/kg)	Salt (mg/kg)	TFS (%)
10/03/2023	201.60 *ton*	As-is		9.6	8,770.00	1,050.00	20,500.00		17.90

	Yield (tons/acre)	Total N (lbs/acre)	Total P (lbs/acre)	Total K (lbs/acre)	Salt (lbs/acre)
Anticipated harvest content	6.00	258.00	43.80	279.00	0.00
Total actual harvest content	6.50	114.07	13.66	266.63	2,104.65

Carter Field 6.b

Field name: Carter Field 6.b

Carter Field 6.b

02/05/2017: Almond, in shell

Crop: Almond, in shell Acres planted: 25 Plant date: 02/05/2017

Harvest date	Yield	Reporting basis	Density (lbs/cu ft)	Moisture (%)	N (mg/kg)	P (mg/kg)	K (mg/kg)	Salt (mg/kg)	TFS (%)
10/03/2023	145.30 *ton*	As-is		11.0	12,000.00	1,050.00	27,200.00		12.90

	Yield (tons/acre)	Total N (lbs/acre)	Total P (lbs/acre)	Total K (lbs/acre)	Salt (lbs/acre)
Anticipated harvest content	6.00	258.00	43.80	279.00	0.00
Total actual harvest content	5.81	139.49	12.21	316.17	1,334.55

Carter Field 6.c

Field name: Carter Field 6.c

02/05/2017: Almond, in shell

Crop: Almond, in shell Acres planted: 11 Plant date: 02/05/2017

Harvest date	Yield	Reporting basis	Density (lbs/cu ft)	Moisture (%)	N (mg/kg)	P (mg/kg)	K (mg/kg)	Salt (mg/kg)	TFS (%)
10/03/2023	62.50 *ton*	As-is		11.0	12,000.00	1,050.00	27,200.00		12.90

	Yield (tons/acre)	Total N (lbs/acre)	Total P (lbs/acre)	Total K (lbs/acre)	Salt (lbs/acre)
Anticipated harvest content	6.00	258.00	43.80	279.00	0.00
Total actual harvest content	5.68	136.36	11.93	309.09	1,304.66

Carter Field 7.a

Field name: Carter Field 7.a

Carter Field 7.a

02/10/2018: Almond, in shell

Crop: Almond, in shell Acres planted: 37 Plant date: 02/10/2018

Harvest date	Yield	Reporting basis	Density (lbs/cu ft)	Moisture (%)	N (mg/kg)	P (mg/kg)	K (mg/kg)	Salt (mg/kg)	TFS (%)
10/04/2023	246.20 *ton*	As-is		9.4	7,210.00	950.00	31,200.00		10.70

	Yield (tons/acre)	Total N (lbs/acre)	Total P (lbs/acre)	Total K (lbs/acre)	Salt (lbs/acre)
Anticipated harvest content	6.00	258.00	43.80	279.00	0.00
Total actual harvest content	6.65	95.95	12.64	415.21	1,290.11

Carter Field 7.b

Field name: Carter Field 7.b

02/10/2018: Almond, in shell

Crop: Almond, in shell Acres planted: 23 Plant date: 02/10/2018

Harvest date	Yield	Reporting basis	Density (lbs/cu ft)	Moisture (%)	N (mg/kg)	P (mg/kg)	K (mg/kg)	Salt (mg/kg)	TFS (%)
10/04/2023	156.40 *ton*	As-is		9.4	7,210.00	950.00	31,200.00		10.70

	Yield (tons/acre)	Total N (lbs/acre)	Total P (lbs/acre)	Total K (lbs/acre)	Salt (lbs/acre)
Anticipated harvest content	6.00	258.00	43.80	279.00	0.00
Total actual harvest content	6.80	98.06	12.92	424.32	1,318.41

Carter Field 7.c

Field name: Carter Field 7.c

Carter Field 7.c

02/10/2018: Almond, in shell

Crop: Almond, in shell Acres planted: 38 Plant date: 02/10/2018

Harvest date	Yield	Reporting basis	Density (lbs/cu ft)	Moisture (%)	N (mg/kg)	P (mg/kg)	K (mg/kg)	Salt (mg/kg)	TFS (%)
10/04/2023	252.80 *ton*	As-is		9.4	7,210.00	950.00	31,200.00		10.70

	Yield (tons/acre)	Total N (lbs/acre)	Total P (lbs/acre)	Total K (lbs/acre)	Salt (lbs/acre)
Anticipated harvest content	6.00	258.00	43.80	279.00	0.00
Total actual harvest content	6.65	95.93	12.64	415.12	1,289.84

Carter Pasture North

Field name: Carter Pasture North

01/01/2023: Pasture

Crop: Pasture Acres planted: 20 Plant date: 01/01/2023

Harvest date	Yield	Reporting basis	Density (lbs/cu ft)	Moisture (%)	N (mg/kg)	P (mg/kg)	K (mg/kg)	Salt (mg/kg)	TFS (%)
10/31/2023	300.00 *ton*	As-is		70.0	13,400.00	1,350.00	14,700.00		9.02

	Yield (tons/acre)	Total N (lbs/acre)	Total P (lbs/acre)	Total K (lbs/acre)	Salt (lbs/acre)
Anticipated harvest content	15.00	276.00	39.00	283.50	0.00
Total actual harvest content	15.00	402.00	40.50	441.00	811.80

Carter Pasture South

Field name: Carter Pasture South

Carter Pasture South

01/01/2023: Pasture

Crop: Pasture Acres planted: 13 Plant date: 01/01/2023

Harvest date	Yield	Reporting basis	Density (lbs/cu ft)	Moisture (%)	N (mg/kg)	P (mg/kg)	K (mg/kg)	Salt (mg/kg)	TFS (%)
10/31/2023	195.00 *ton*	As-is		70.0	13,400.00	1,500.00	17,100.00		10.60

	Yield (tons/acre)	Total N (lbs/acre)	Total P (lbs/acre)	Total K (lbs/acre)	Salt (lbs/acre)
Anticipated harvest content	15.00	276.00	39.00	283.50	0.00
Total actual harvest content	15.00	402.00	45.00	513.00	954.00

NUTRIENT BUDGET

A. LAND APPLICATIONS

1 - 10/27/2022: Oats, silage-soft dough

Field name: 1

Crop: Oats, silage-soft dough Plant date: 10/27/2022

Application date	Application method	Precipitation 24 hours prior	Precipitation during application	Precipitation 24 hours following
02/02/2023	Surface (irrigation)	No precipitation	No precipitation	No precipitation

Source description	Material type	N (lbs/acre)	P (lbs/acre)	K (lbs/acre)	Salt (lbs/acre)	Amount
WWS	Process wastewater	111.73	8.79	69.24	661.61	855,000.00 *gal*
Application event totals		111.73	8.79	69.24	661.61	

Application date	Application method	Precipitation 24 hours prior	Precipitation during application	Precipitation 24 hours following
04/11/2023	Surface (irrigation)	No precipitation	No precipitation	No precipitation

Source description	Material type	N (lbs/acre)	P (lbs/acre)	K (lbs/acre)	Salt (lbs/acre)	Amount
WWS	Process wastewater	122.12	14.15	94.79	830.25	912,000.00 *gal*
Application event totals		122.12	14.15	94.79	830.25	

1 - 06/20/2023: Corn, silage

Field name: 1

Crop: Corn, silage Plant date: 06/20/2023

Application date	Application method	Precipitation 24 hours prior	Precipitation during application	Precipitation 24 hours following
06/05/2023	Surface (irrigation)	No precipitation	No precipitation	No precipitation

Source description	Material type	N (lbs/acre)	P (lbs/acre)	K (lbs/acre)	Salt (lbs/acre)	Amount
WWS	Process wastewater	152.65	17.69	118.48	1,037.81	1,140,000.00 *gal*
Irrigation Well	Ground water	0.53	0.00	0.00	36.98	1,500,000.00 *gal*
Canal	Surface water	0.00	0.00	0.00	2.62	300,000.00 *gal*
Application event totals		153.17	17.69	118.48	1,077.42	

1 - 06/20/2023: Corn, silage

Application date	Application method	Precipitation 24 hours prior	Precipitation during application	Precipitation 24 hours following
06/20/2023	Sidedress	No precipitation	No precipitation	No precipitation

Source description	Material type	N (lbs/acre)	P (lbs/acre)	K (lbs/acre)	Salt (lbs/acre)	Amount
4-0-0	Solid commercial fertilizer	8.00	0.00	0.00	0.00	
Application event totals		8.00	0.00	0.00	0.00	

07/14/2023	Surface (irrigation)	No precipitation	No precipitation	No precipitation

Source description	Material type	N (lbs/acre)	P (lbs/acre)	K (lbs/acre)	Salt (lbs/acre)	Amount
Canal	Surface water	0.00	0.00	0.00	51.04	5,850,000.00 *gal*
Application event totals		0.00	0.00	0.00	51.04	

07/28/2023	Surface (irrigation)	No precipitation	No precipitation	No precipitation

Source description	Material type	N (lbs/acre)	P (lbs/acre)	K (lbs/acre)	Salt (lbs/acre)	Amount
WWS	Process wastewater	108.37	17.04	134.70	1,029.17	1,596,000.00 *gal*
Canal	Surface water	0.00	0.00	0.00	36.64	4,200,000.00 *gal*
Application event totals		108.37	17.04	134.70	1,065.81	

08/11/2023	Subsurface (irrigation)	No precipitation	No precipitation	No precipitation

Source description	Material type	N (lbs/acre)	P (lbs/acre)	K (lbs/acre)	Salt (lbs/acre)	Amount
Canal	Surface water	0.00	0.00	0.00	49.73	5,700,000.00 *gal*
Application event totals		0.00	0.00	0.00	49.73	

08/25/2023	Surface (irrigation)	No precipitation	No precipitation	No precipitation

Source description	Material type	N (lbs/acre)	P (lbs/acre)	K (lbs/acre)	Salt (lbs/acre)	Amount
Canal	Surface water	0.00	0.00	0.00	49.73	5,700,000.00 *gal*
Application event totals		0.00	0.00	0.00	49.73	

09/09/2023	Surface (irrigation)	No precipitation	No precipitation	No precipitation

Source description	Material type	N (lbs/acre)	P (lbs/acre)	K (lbs/acre)	Salt (lbs/acre)	Amount
Canal	Surface water	0.00	0.00	0.00	47.11	5,400,000.00 *gal*
Application event totals		0.00	0.00	0.00	47.11	

1 - 06/20/2023: Corn, silage

Application date	Application method	Precipitation 24 hours prior	Precipitation during application	Precipitation 24 hours following
09/24/2023	Pipeline	No precipitation	No precipitation	No precipitation

Source description	Material type	N (lbs/acre)	P (lbs/acre)	K (lbs/acre)	Salt (lbs/acre)	Amount
Canal	Surface water	0.00	0.00	0.00	45.80	5,250,000.00 *gal*
Application event totals		0.00	0.00	0.00	45.80	

10 - 10/30/2022: Oats, silage-soft dough

Field name: 10

Crop: Oats, silage-soft dough

Plant date: 10/30/2022

Application date	Application method	Precipitation 24 hours prior	Precipitation during application	Precipitation 24 hours following
02/12/2023	Surface (irrigation)	No precipitation	No precipitation	No precipitation

Source description	Material type	N (lbs/acre)	P (lbs/acre)	K (lbs/acre)	Salt (lbs/acre)	Amount
WWS	Process wastewater	103.78	8.16	64.32	614.56	541,500.00 *gal*
Application event totals		103.78	8.16	64.32	614.56	

Application date	Application method	Precipitation 24 hours prior	Precipitation during application	Precipitation 24 hours following
04/16/2023	Surface (irrigation)	No precipitation	No precipitation	No precipitation

Source description	Material type	N (lbs/acre)	P (lbs/acre)	K (lbs/acre)	Salt (lbs/acre)	Amount
WWS	Process wastewater	134.33	15.56	104.27	913.28	684,000.00 *gal*
Application event totals		134.33	15.56	104.27	913.28	

10 - 06/21/2023: Corn, silage

Field name: 10

Crop: Corn, silage

Plant date: 06/21/2023

Application date	Application method	Precipitation 24 hours prior	Precipitation during application	Precipitation 24 hours following

10 - 06/21/2023: Corn, silage

Application date	Application method	Precipitation 24 hours prior	Precipitation during application	Precipitation 24 hours following
05/18/2023	Broadcast/incorporate	No precipitation	No precipitation	No precipitation

Source description	Material type	N (lbs/acre)	P (lbs/acre)	K (lbs/acre)	Salt (lbs/acre)	Amount
Solid Manure	Separator solids	173.28	52.69	137.81	1,813.87	500.00 *ton*
Application event totals		173.28	52.69	137.81	1,813.87	

06/03/2023	Surface (irrigation)	No precipitation	No precipitation	No precipitation

Source description	Material type	N (lbs/acre)	P (lbs/acre)	K (lbs/acre)	Salt (lbs/acre)	Amount
Canal	Surface water	0.00	0.00	0.00	51.82	4,050,000.00 *gal*
Application event totals		0.00	0.00	0.00	51.82	

06/21/2023	Sidedress	No precipitation	No precipitation	No precipitation

Source description	Material type	N (lbs/acre)	P (lbs/acre)	K (lbs/acre)	Salt (lbs/acre)	Amount
4-0-0	Solid commercial fertilizer	8.00	0.00	0.00	0.00	
Application event totals		8.00	0.00	0.00	0.00	

07/12/2023	Surface (irrigation)	No precipitation	No precipitation	No precipitation

Source description	Material type	N (lbs/acre)	P (lbs/acre)	K (lbs/acre)	Salt (lbs/acre)	Amount
UN32	Solid commercial fertilizer	32.00	0.00	0.00	0.00	
Canal	Surface water	0.00	0.00	0.00	49.90	3,900,000.00 *gal*
Application event totals		32.00	0.00	0.00	49.90	

07/26/2023	Surface (irrigation)	No precipitation	No precipitation	No precipitation

Source description	Material type	N (lbs/acre)	P (lbs/acre)	K (lbs/acre)	Salt (lbs/acre)	Amount
Canal	Surface water	0.00	0.00	0.00	49.90	3,900,000.00 *gal*
Application event totals		0.00	0.00	0.00	49.90	

08/09/2023	Surface (irrigation)	No precipitation	No precipitation	No precipitation

Source description	Material type	N (lbs/acre)	P (lbs/acre)	K (lbs/acre)	Salt (lbs/acre)	Amount
Canal	Surface water	0.00	0.00	0.00	47.98	3,750,000.00 *gal*
Application event totals		0.00	0.00	0.00	47.98	

10 - 06/21/2023: Corn, silage

Application date	Application method	Precipitation 24 hours prior	Precipitation during application	Precipitation 24 hours following
08/23/2023	Surface (irrigation)	No precipitation	No precipitation	No precipitation

Source description	Material type	N (lbs/acre)	P (lbs/acre)	K (lbs/acre)	Salt (lbs/acre)	Amount
Canal	Surface water	0.00	0.00	0.00	47.98	3,750,000.00 *gal*
Application event totals		0.00	0.00	0.00	47.98	

Application date	Application method	Precipitation 24 hours prior	Precipitation during application	Precipitation 24 hours following
09/07/2023	Surface (irrigation)	No precipitation	No precipitation	No precipitation

Source description	Material type	N (lbs/acre)	P (lbs/acre)	K (lbs/acre)	Salt (lbs/acre)	Amount
Canal	Surface water	0.00	0.00	0.00	46.06	3,600,000.00 *gal*
Application event totals		0.00	0.00	0.00	46.06	

Application date	Application method	Precipitation 24 hours prior	Precipitation during application	Precipitation 24 hours following
09/22/2023	Surface (irrigation)	No precipitation	No precipitation	No precipitation

Source description	Material type	N (lbs/acre)	P (lbs/acre)	K (lbs/acre)	Salt (lbs/acre)	Amount
Canal	Surface water	0.00	0.00	0.00	46.06	3,600,000.00 *gal*
Application event totals		0.00	0.00	0.00	46.06	

11 - 10/30/2022: Oats, silage-soft dough

Field name: 11

Crop: Oats, silage-soft dough

Plant date: 10/30/2022

Application date	Application method	Precipitation 24 hours prior	Precipitation during application	Precipitation 24 hours following
02/12/2023	Surface (irrigation)	No precipitation	No precipitation	No precipitation

Source description	Material type	N (lbs/acre)	P (lbs/acre)	K (lbs/acre)	Salt (lbs/acre)	Amount
WWS	Process wastewater	112.66	8.86	69.82	667.12	627,000.00 *gal*
Application event totals		112.66	8.86	69.82	667.12	

Application date	Application method	Precipitation 24 hours prior	Precipitation during application	Precipitation 24 hours following
04/16/2023	Surface (irrigation)	No precipitation	No precipitation	No precipitation

Source description	Material type	N (lbs/acre)	P (lbs/acre)	K (lbs/acre)	Salt (lbs/acre)	Amount
WWS	Process wastewater	125.93	14.59	97.75	856.20	684,000.00 *gal*
Application event totals		125.93	14.59	97.75	856.20	

11 - 06/21/2023: Corn, silage

Field name: 11

Crop: Corn, silage

Plant date: 06/21/2023

Application date	Application method	Precipitation 24 hours prior	Precipitation during application	Precipitation 24 hours following
05/18/2023	Broadcast/incorporate	No precipitation	No precipitation	No precipitation

Source description	Material type	N (lbs/acre)	P (lbs/acre)	K (lbs/acre)	Salt (lbs/acre)	Amount
Solid Manure	Separator solids	172.20	52.36	136.95	1,802.53	530.00 *ton*
Application event totals		172.20	52.36	136.95	1,802.53	

Application date	Application method	Precipitation 24 hours prior	Precipitation during application	Precipitation 24 hours following
06/04/2023	Surface (irrigation)	No precipitation	No precipitation	No precipitation

Source description	Material type	N (lbs/acre)	P (lbs/acre)	K (lbs/acre)	Salt (lbs/acre)	Amount
Canal	Surface water	0.00	0.00	0.00	52.18	4,350,000.00 *gal*
Application event totals		0.00	0.00	0.00	52.18	

Application date	Application method	Precipitation 24 hours prior	Precipitation during application	Precipitation 24 hours following
06/21/2023	Sidedress	No precipitation	No precipitation	No precipitation

Source description	Material type	N (lbs/acre)	P (lbs/acre)	K (lbs/acre)	Salt (lbs/acre)	Amount
4-0-0	Solid commercial fertilizer	8.00	0.00	0.00	0.00	
Application event totals		8.00	0.00	0.00	0.00	

Application date	Application method	Precipitation 24 hours prior	Precipitation during application	Precipitation 24 hours following
07/13/2023	Surface (irrigation)	No precipitation	No precipitation	No precipitation

Source description	Material type	N (lbs/acre)	P (lbs/acre)	K (lbs/acre)	Salt (lbs/acre)	Amount
UN32	Solid commercial fertilizer	32.00	0.00	0.00	0.00	
Canal	Surface water	0.00	0.00	0.00	49.48	4,125,000.00 *gal*
Application event totals		32.00	0.00	0.00	49.48	

Application date	Application method	Precipitation 24 hours prior	Precipitation during application	Precipitation 24 hours following
07/28/2023	Surface (irrigation)	No precipitation	No precipitation	No precipitation

Source description	Material type	N (lbs/acre)	P (lbs/acre)	K (lbs/acre)	Salt (lbs/acre)	Amount
Canal	Surface water	0.00	0.00	0.00	49.48	4,125,000.00 *gal*
Application event totals		0.00	0.00	0.00	49.48	

11 - 06/21/2023: Corn, silage

Application date	Application method	Precipitation 24 hours prior	Precipitation during application	Precipitation 24 hours following
08/10/2023	Surface (irrigation)	No precipitation	No precipitation	No precipitation

Source description	Material type	N (lbs/acre)	P (lbs/acre)	K (lbs/acre)	Salt (lbs/acre)	Amount
Canal	Surface water	0.00	0.00	0.00	48.58	4,050,000.00 *gal*
Application event totals		0.00	0.00	0.00	48.58	

Application date	Application method	Precipitation 24 hours prior	Precipitation during application	Precipitation 24 hours following
08/25/2023	Surface (irrigation)	No precipitation	No precipitation	No precipitation

Source description	Material type	N (lbs/acre)	P (lbs/acre)	K (lbs/acre)	Salt (lbs/acre)	Amount
Canal	Surface water	0.00	0.00	0.00	48.58	4,050,000.00 *gal*
Application event totals		0.00	0.00	0.00	48.58	

Application date	Application method	Precipitation 24 hours prior	Precipitation during application	Precipitation 24 hours following
09/08/2023	Surface (irrigation)	No precipitation	No precipitation	No precipitation

Source description	Material type	N (lbs/acre)	P (lbs/acre)	K (lbs/acre)	Salt (lbs/acre)	Amount
Canal	Surface water	0.00	0.00	0.00	48.58	4,050,000.00 *gal*
Application event totals		0.00	0.00	0.00	48.58	

Application date	Application method	Precipitation 24 hours prior	Precipitation during application	Precipitation 24 hours following
09/23/2023	Surface (irrigation)	No precipitation	No precipitation	No precipitation

Source description	Material type	N (lbs/acre)	P (lbs/acre)	K (lbs/acre)	Salt (lbs/acre)	Amount
Canal	Surface water	0.00	0.00	0.00	46.78	3,900,000.00 *gal*
Application event totals		0.00	0.00	0.00	46.78	

12 - 02/10/2017: Almond, in shell

Field name: 12

Crop: Almond, in shell

Plant date: 02/10/2017

Application date	Application method	Precipitation 24 hours prior	Precipitation during application	Precipitation 24 hours following
09/15/2022	Pipeline	No precipitation	No precipitation	No precipitation

Source description	Material type	N (lbs/acre)	P (lbs/acre)	K (lbs/acre)	Salt (lbs/acre)	Amount
Canal	Surface water	2.41	0.00	0.00	43.08	3,200,750.00 *gal*
Application event totals		2.41	0.00	0.00	43.08	

12 - 02/10/2017: Almond, in shell

Application date	Application method	Precipitation 24 hours prior	Precipitation during application	Precipitation 24 hours following
09/29/2022	Surface (irrigation)	No precipitation	No precipitation	No precipitation

Source description	Material type	N (lbs/acre)	P (lbs/acre)	K (lbs/acre)	Salt (lbs/acre)	Amount
Canal	Surface water	2.41	0.00	0.00	43.08	3,200,750.00 *gal*
Application event totals		2.41	0.00	0.00	43.08	

Application date	Application method	Precipitation 24 hours prior	Precipitation during application	Precipitation 24 hours following
10/30/2022	Broadcast/incorporate	No precipitation	No precipitation	No precipitation

Source description	Material type	N (lbs/acre)	P (lbs/acre)	K (lbs/acre)	Salt (lbs/acre)	Amount
Solid Manure	Corral solids	55.98	21.82	87.10	449.72	76.00 *ton*
Application event totals		55.98	21.82	87.10	449.72	

Application date	Application method	Precipitation 24 hours prior	Precipitation during application	Precipitation 24 hours following
03/02/2023	Sidedress	No precipitation	No precipitation	No precipitation

Source description	Material type	N (lbs/acre)	P (lbs/acre)	K (lbs/acre)	Salt (lbs/acre)	Amount
CAN 17	Solid commercial fertilizer	37.40	0.00	0.00	0.00	
Application event totals		37.40	0.00	0.00	0.00	

Application date	Application method	Precipitation 24 hours prior	Precipitation during application	Precipitation 24 hours following
04/14/2023	Surface (irrigation)	No precipitation	No precipitation	No precipitation

Source description	Material type	N (lbs/acre)	P (lbs/acre)	K (lbs/acre)	Salt (lbs/acre)	Amount
UN32	Solid commercial fertilizer	25.60	0.00	0.00	0.00	
Canal	Surface water	0.00	0.00	0.00	37.89	3,059,700.00 *gal*
Application event totals		25.60	0.00	0.00	37.89	

Application date	Application method	Precipitation 24 hours prior	Precipitation during application	Precipitation 24 hours following
04/28/2023	Surface (irrigation)	No precipitation	No precipitation	No precipitation

Source description	Material type	N (lbs/acre)	P (lbs/acre)	K (lbs/acre)	Salt (lbs/acre)	Amount
Canal	Surface water	0.00	0.00	0.00	37.89	3,059,700.00 *gal*
Application event totals		0.00	0.00	0.00	37.89	

Application date	Application method	Precipitation 24 hours prior	Precipitation during application	Precipitation 24 hours following
05/12/2023	Surface (irrigation)	No precipitation	No precipitation	No precipitation

Source description	Material type	N (lbs/acre)	P (lbs/acre)	K (lbs/acre)	Salt (lbs/acre)	Amount
Canal	Surface water	0.00	0.00	0.00	37.89	3,059,700.00 *gal*
Application event totals		0.00	0.00	0.00	37.89	

12 - 02/10/2017: Almond, in shell

Application date	Application method	Precipitation 24 hours prior	Precipitation during application	Precipitation 24 hours following
05/26/2023	Surface (irrigation)	No precipitation	No precipitation	No precipitation

Source description	Material type	N (lbs/acre)	P (lbs/acre)	K (lbs/acre)	Salt (lbs/acre)	Amount
UN32	Solid commercial fertilizer	25.60	0.00	0.00	0.00	
Canal	Surface water	0.00	0.00	0.00	37.89	3,059,700.00 *gal*
Application event totals		25.60	0.00	0.00	37.89	

06/09/2023	Surface (irrigation)	No precipitation	No precipitation	No precipitation

Source description	Material type	N (lbs/acre)	P (lbs/acre)	K (lbs/acre)	Salt (lbs/acre)	Amount
Canal	Surface water	0.00	0.00	0.00	38.46	3,106,200.00 *gal*
Application event totals		0.00	0.00	0.00	38.46	

06/23/2023	Surface (irrigation)	No precipitation	No precipitation	No precipitation

Source description	Material type	N (lbs/acre)	P (lbs/acre)	K (lbs/acre)	Salt (lbs/acre)	Amount
Canal	Surface water	0.00	0.00	0.00	38.46	3,106,200.00 *gal*
Application event totals		0.00	0.00	0.00	38.46	

07/07/2023	Surface (irrigation)	No precipitation	No precipitation	No precipitation

Source description	Material type	N (lbs/acre)	P (lbs/acre)	K (lbs/acre)	Salt (lbs/acre)	Amount
Canal	Surface water	0.00	0.00	0.00	38.46	3,106,200.00 *gal*
Application event totals		0.00	0.00	0.00	38.46	

07/21/2023	Surface (irrigation)	No precipitation	No precipitation	No precipitation

Source description	Material type	N (lbs/acre)	P (lbs/acre)	K (lbs/acre)	Salt (lbs/acre)	Amount
Canal	Surface water	0.00	0.00	0.00	38.46	3,106,200.00 *gal*
Application event totals		0.00	0.00	0.00	38.46	

08/04/2023	Surface (irrigation)	No precipitation	No precipitation	No precipitation

Source description	Material type	N (lbs/acre)	P (lbs/acre)	K (lbs/acre)	Salt (lbs/acre)	Amount
Canal	Surface water	0.00	0.00	0.00	38.46	3,106,200.00 *gal*
Application event totals		0.00	0.00	0.00	38.46	

12 - 02/10/2017: Almond, in shell

Application date	Application method	Precipitation 24 hours prior	Precipitation during application	Precipitation 24 hours following
08/18/2023	Surface (irrigation)	No precipitation	No precipitation	No precipitation

Source description	Material type	N (lbs/acre)	P (lbs/acre)	K (lbs/acre)	Salt (lbs/acre)	Amount
Canal	Surface water	0.00	0.00	0.00	38.46	3,106,200.00 *gal*
Application event totals		0.00	0.00	0.00	38.46	

Application date	Application method	Precipitation 24 hours prior	Precipitation during application	Precipitation 24 hours following
09/01/2023	Surface (irrigation)	No precipitation	No precipitation	No precipitation

Source description	Material type	N (lbs/acre)	P (lbs/acre)	K (lbs/acre)	Salt (lbs/acre)	Amount
Canal	Surface water	0.00	0.00	0.00	38.46	3,106,200.00 *gal*
Application event totals		0.00	0.00	0.00	38.46	

Application date	Application method	Precipitation 24 hours prior	Precipitation during application	Precipitation 24 hours following
09/15/2023	Surface (irrigation)	No precipitation	No precipitation	No precipitation

Source description	Material type	N (lbs/acre)	P (lbs/acre)	K (lbs/acre)	Salt (lbs/acre)	Amount
Canal	Surface water	0.00	0.00	0.00	38.46	3,106,200.00 *gal*
Application event totals		0.00	0.00	0.00	38.46	

13 - 02/10/2017: Almond, in shell

Field name: 13

Crop: Almond, in shell

Plant date: 02/10/2017

Application date	Application method	Precipitation 24 hours prior	Precipitation during application	Precipitation 24 hours following
09/16/2022	Surface (irrigation)	No precipitation	No precipitation	No precipitation

Source description	Material type	N (lbs/acre)	P (lbs/acre)	K (lbs/acre)	Salt (lbs/acre)	Amount
Canal	Surface water	2.41	0.00	0.00	43.08	3,200,750.00 *gal*
Application event totals		2.41	0.00	0.00	43.08	

Application date	Application method	Precipitation 24 hours prior	Precipitation during application	Precipitation 24 hours following
09/30/2022	Surface (irrigation)	No precipitation	No precipitation	No precipitation

Source description	Material type	N (lbs/acre)	P (lbs/acre)	K (lbs/acre)	Salt (lbs/acre)	Amount
Canal	Surface water	2.41	0.00	0.00	43.08	3,200,750.00 *gal*
Application event totals		2.41	0.00	0.00	43.08	

13 - 02/10/2017: Almond, in shell

Application date	Application method	Precipitation 24 hours prior	Precipitation during application	Precipitation 24 hours following
10/30/2022	Broadcast/incorporate	No precipitation	No precipitation	No precipitation

Source description	Material type	N (lbs/acre)	P (lbs/acre)	K (lbs/acre)	Salt (lbs/acre)	Amount
Solid Manure	Corral solids	55.98	21.82	87.10	449.72	76.00 *ton*
Application event totals		55.98	21.82	87.10	449.72	

03/02/2023	Sidedress	No precipitation	No precipitation	No precipitation

Source description	Material type	N (lbs/acre)	P (lbs/acre)	K (lbs/acre)	Salt (lbs/acre)	Amount
CAN 17	Solid commercial fertilizer	37.40	0.00	0.00	0.00	
Application event totals		37.40	0.00	0.00	0.00	

04/16/2023	Surface (irrigation)	No precipitation	No precipitation	No precipitation

Source description	Material type	N (lbs/acre)	P (lbs/acre)	K (lbs/acre)	Salt (lbs/acre)	Amount
UN32	Solid commercial fertilizer	25.60	0.00	0.00	0.00	
Canal	Surface water	0.00	0.00	0.00	37.89	3,059,700.00 *gal*
Application event totals		25.60	0.00	0.00	37.89	

04/30/2023	Surface (irrigation)	No precipitation	No precipitation	No precipitation

Source description	Material type	N (lbs/acre)	P (lbs/acre)	K (lbs/acre)	Salt (lbs/acre)	Amount
Canal	Surface water	0.00	0.00	0.00	37.89	3,059,700.00 *gal*
Application event totals		0.00	0.00	0.00	37.89	

05/14/2023	Surface (irrigation)	No precipitation	No precipitation	No precipitation

Source description	Material type	N (lbs/acre)	P (lbs/acre)	K (lbs/acre)	Salt (lbs/acre)	Amount
Canal	Surface water	0.00	0.00	0.00	37.89	3,059,700.00 *gal*
Application event totals		0.00	0.00	0.00	37.89	

05/28/2023	Surface (irrigation)	No precipitation	No precipitation	No precipitation

Source description	Material type	N (lbs/acre)	P (lbs/acre)	K (lbs/acre)	Salt (lbs/acre)	Amount
UN32	Solid commercial fertilizer	25.60	0.00	0.00	0.00	
Canal	Surface water	0.00	0.00	0.00	37.89	3,059,700.00 *gal*
Application event totals		25.60	0.00	0.00	37.89	

13 - 02/10/2017: Almond, in shell

Application date	Application method	Precipitation 24 hours prior	Precipitation during application	Precipitation 24 hours following
06/11/2023	Surface (irrigation)	No precipitation	No precipitation	No precipitation

Source description	Material type	N (lbs/acre)	P (lbs/acre)	K (lbs/acre)	Salt (lbs/acre)	Amount
Canal	Surface water	0.00	0.00	0.00	38.46	3,106,200.00 *gal*
Application event totals		0.00	0.00	0.00	38.46	

06/25/2023	Surface (irrigation)	No precipitation	No precipitation	No precipitation

Source description	Material type	N (lbs/acre)	P (lbs/acre)	K (lbs/acre)	Salt (lbs/acre)	Amount
Canal	Surface water	0.00	0.00	0.00	38.46	3,106,200.00 *gal*
Application event totals		0.00	0.00	0.00	38.46	

07/09/2023	Surface (irrigation)	No precipitation	No precipitation	No precipitation

Source description	Material type	N (lbs/acre)	P (lbs/acre)	K (lbs/acre)	Salt (lbs/acre)	Amount
Canal	Surface water	0.00	0.00	0.00	38.46	3,106,200.00 *gal*
Application event totals		0.00	0.00	0.00	38.46	

07/23/2023	Surface (irrigation)	No precipitation	No precipitation	No precipitation

Source description	Material type	N (lbs/acre)	P (lbs/acre)	K (lbs/acre)	Salt (lbs/acre)	Amount
Canal	Surface water	0.00	0.00	0.00	38.46	3,106,200.00 *gal*
Application event totals		0.00	0.00	0.00	38.46	

08/06/2023	Surface (irrigation)	No precipitation	No precipitation	No precipitation

Source description	Material type	N (lbs/acre)	P (lbs/acre)	K (lbs/acre)	Salt (lbs/acre)	Amount
Canal	Surface water	0.00	0.00	0.00	38.46	3,106,200.00 *gal*
Application event totals		0.00	0.00	0.00	38.46	

08/20/2023	Surface (irrigation)	No precipitation	No precipitation	No precipitation

Source description	Material type	N (lbs/acre)	P (lbs/acre)	K (lbs/acre)	Salt (lbs/acre)	Amount
Canal	Surface water	0.00	0.00	0.00	38.46	3,106,200.00 *gal*
Application event totals		0.00	0.00	0.00	38.46	

13 - 02/10/2017: Almond, in shell

Application date	Application method	Precipitation 24 hours prior	Precipitation during application	Precipitation 24 hours following
09/03/2023	Surface (irrigation)	No precipitation	No precipitation	No precipitation

Source description	Material type	N (lbs/acre)	P (lbs/acre)	K (lbs/acre)	Salt (lbs/acre)	Amount
Canal	Surface water	0.00	0.00	0.00	38.46	3,106,200.00 *gal*
Application event totals		0.00	0.00	0.00	38.46	

09/17/2023	Surface (irrigation)	No precipitation	No precipitation	No precipitation

Source description	Material type	N (lbs/acre)	P (lbs/acre)	K (lbs/acre)	Salt (lbs/acre)	Amount
Canal	Surface water	0.00	0.00	0.00	38.46	3,106,200.00 *gal*
Application event totals		0.00	0.00	0.00	38.46	

14 - 02/09/2017: Almond, in shell

Field name: 14

Crop: Almond, in shell

Plant date: 02/09/2017

Application date	Application method	Precipitation 24 hours prior	Precipitation during application	Precipitation 24 hours following
09/15/2022	Surface (irrigation)	No precipitation	No precipitation	No precipitation

Source description	Material type	N (lbs/acre)	P (lbs/acre)	K (lbs/acre)	Salt (lbs/acre)	Amount
Irrigation Well	Ground water	0.00	0.00	0.00	208.01	4,673,600.00 *gal*
Application event totals		0.00	0.00	0.00	208.01	

09/29/2022	Surface (irrigation)	No precipitation	No precipitation	No precipitation

Source description	Material type	N (lbs/acre)	P (lbs/acre)	K (lbs/acre)	Salt (lbs/acre)	Amount
Irrigation Well	Ground water	0.00	0.00	0.00	208.01	4,673,600.00 *gal*
Application event totals		0.00	0.00	0.00	208.01	

10/30/2022	Broadcast/incorporate	No precipitation	No precipitation	No precipitation

Source description	Material type	N (lbs/acre)	P (lbs/acre)	K (lbs/acre)	Salt (lbs/acre)	Amount
Solid Manure	Corral solids	52.77	20.57	82.11	423.95	104.00 *ton*
Application event totals		52.77	20.57	82.11	423.95	

14 - 02/09/2017: Almond, in shell

Application date	Application method	Precipitation 24 hours prior	Precipitation during application	Precipitation 24 hours following
03/02/2023	Sidedress	No precipitation	No precipitation	No precipitation

Source description	Material type	N (lbs/acre)	P (lbs/acre)	K (lbs/acre)	Salt (lbs/acre)	Amount
CAN 17	Solid commercial fertilizer	37.40	0.00	0.00	0.00	
Application event totals		37.40	0.00	0.00	0.00	

04/14/2023	Pipeline	No precipitation	No precipitation	No precipitation

Source description	Material type	N (lbs/acre)	P (lbs/acre)	K (lbs/acre)	Salt (lbs/acre)	Amount
UN32	Solid commercial fertilizer	25.60	0.00	0.00	0.00	
Irrigation Well	Ground water	1.45	0.00	0.00	95.06	4,577,000.00 *gal*
Application event totals		27.05	0.00	0.00	95.06	

04/28/2023	Surface (irrigation)	No precipitation	No precipitation	No precipitation

Source description	Material type	N (lbs/acre)	P (lbs/acre)	K (lbs/acre)	Salt (lbs/acre)	Amount
Irrigation Well	Ground water	1.45	0.00	0.00	95.06	4,577,000.00 *gal*
Application event totals		1.45	0.00	0.00	95.06	

05/12/2023	Surface (irrigation)	No precipitation	No precipitation	No precipitation

Source description	Material type	N (lbs/acre)	P (lbs/acre)	K (lbs/acre)	Salt (lbs/acre)	Amount
UN32	Solid commercial fertilizer	25.60	0.00	0.00	0.00	
Irrigation Well	Ground water	1.45	0.00	0.00	95.06	4,577,000.00 *gal*
Application event totals		27.05	0.00	0.00	95.06	

05/26/2023	Surface (irrigation)	No precipitation	No precipitation	No precipitation

Source description	Material type	N (lbs/acre)	P (lbs/acre)	K (lbs/acre)	Salt (lbs/acre)	Amount
Irrigation Well	Ground water	1.45	0.00	0.00	95.06	4,577,000.00 *gal*
Application event totals		1.45	0.00	0.00	95.06	

06/09/2023	Surface (irrigation)	No precipitation	No precipitation	No precipitation

Source description	Material type	N (lbs/acre)	P (lbs/acre)	K (lbs/acre)	Salt (lbs/acre)	Amount
Irrigation Well	Ground water	1.47	0.00	0.00	96.02	4,623,000.00 *gal*
Application event totals		1.47	0.00	0.00	96.02	

14 - 02/09/2017: Almond, in shell

Application date	Application method	Precipitation 24 hours prior	Precipitation during application	Precipitation 24 hours following
06/23/2023	Surface (irrigation)	No precipitation	No precipitation	No precipitation

Source description	Material type	N (lbs/acre)	P (lbs/acre)	K (lbs/acre)	Salt (lbs/acre)	Amount
Irrigation Well	Ground water	1.47	0.00	0.00	96.02	4,623,000.00 *gal*
Application event totals		1.47	0.00	0.00	96.02	

07/07/2023	Surface (irrigation)	No precipitation	No precipitation	No precipitation

Source description	Material type	N (lbs/acre)	P (lbs/acre)	K (lbs/acre)	Salt (lbs/acre)	Amount
Irrigation Well	Ground water	1.47	0.00	0.00	96.02	4,623,000.00 *gal*
Application event totals		1.47	0.00	0.00	96.02	

07/21/2023	Surface (irrigation)	No precipitation	No precipitation	No precipitation

Source description	Material type	N (lbs/acre)	P (lbs/acre)	K (lbs/acre)	Salt (lbs/acre)	Amount
Irrigation Well	Ground water	1.47	0.00	0.00	96.02	4,623,000.00 *gal*
Application event totals		1.47	0.00	0.00	96.02	

08/04/2023	Surface (irrigation)	No precipitation	No precipitation	No precipitation

Source description	Material type	N (lbs/acre)	P (lbs/acre)	K (lbs/acre)	Salt (lbs/acre)	Amount
Irrigation Well	Ground water	1.47	0.00	0.00	96.02	4,623,000.00 *gal*
Application event totals		1.47	0.00	0.00	96.02	

08/18/2023	Surface (irrigation)	No precipitation	No precipitation	No precipitation

Source description	Material type	N (lbs/acre)	P (lbs/acre)	K (lbs/acre)	Salt (lbs/acre)	Amount
Irrigation Well	Ground water	1.47	0.00	0.00	96.02	4,623,000.00 *gal*
Application event totals		1.47	0.00	0.00	96.02	

09/01/2023	Surface (irrigation)	No precipitation	No precipitation	No precipitation

Source description	Material type	N (lbs/acre)	P (lbs/acre)	K (lbs/acre)	Salt (lbs/acre)	Amount
Irrigation Well	Ground water	1.47	0.00	0.00	96.02	4,623,000.00 *gal*
Application event totals		1.47	0.00	0.00	96.02	

14 - 02/09/2017: Almond, in shell

Application date	Application method	Precipitation 24 hours prior	Precipitation during application	Precipitation 24 hours following
09/15/2023	Surface (irrigation)	No precipitation	No precipitation	No precipitation

Source description	Material type	N (lbs/acre)	P (lbs/acre)	K (lbs/acre)	Salt (lbs/acre)	Amount
Irrigation Well	Ground water	1.47	0.00	0.00	96.02	4,623,000.00 *gal*
Application event totals		1.47	0.00	0.00	96.02	

15 - 02/11/2017: Almond, in shell

Field name: 15

Crop: Almond, in shell

Plant date: 02/11/2017

Application date	Application method	Precipitation 24 hours prior	Precipitation during application	Precipitation 24 hours following
09/15/2022	Surface (irrigation)	No precipitation	No precipitation	No precipitation

Source description	Material type	N (lbs/acre)	P (lbs/acre)	K (lbs/acre)	Salt (lbs/acre)	Amount
Irrigation Well	Ground water	0.00	0.00	0.00	203.48	3,454,400.00 *gal*
Application event totals		0.00	0.00	0.00	203.48	

09/29/2022	Surface (irrigation)	No precipitation	No precipitation	No precipitation

Source description	Material type	N (lbs/acre)	P (lbs/acre)	K (lbs/acre)	Salt (lbs/acre)	Amount
Irrigation Well	Ground water	0.00	0.00	0.00	203.48	3,454,400.00 *gal*
Application event totals		0.00	0.00	0.00	203.48	

10/30/2022	Broadcast/incorporate	No precipitation	No precipitation	No precipitation

Source description	Material type	N (lbs/acre)	P (lbs/acre)	K (lbs/acre)	Salt (lbs/acre)	Amount
Solid Manure	Corral solids	56.41	21.99	87.77	453.20	84.00 *ton*
Application event totals		56.41	21.99	87.77	453.20	

03/02/2023	Sidedress	No precipitation	No precipitation	No precipitation

Source description	Material type	N (lbs/acre)	P (lbs/acre)	K (lbs/acre)	Salt (lbs/acre)	Amount
CAN 17	Solid commercial fertilizer	37.40	0.00	0.00	0.00	
Application event totals		37.40	0.00	0.00	0.00	

15 - 02/11/2017: Almond, in shell

Application date	Application method	Precipitation 24 hours prior	Precipitation during application	Precipitation 24 hours following
04/16/2023	Surface (irrigation)	No precipitation	No precipitation	No precipitation

Source description	Material type	N (lbs/acre)	P (lbs/acre)	K (lbs/acre)	Salt (lbs/acre)	Amount
UN32	Solid commercial fertilizer	25.60	0.00	0.00	0.00	
Irrigation Well	Ground water	1.42	0.00	0.00	93.00	3,383,000.00 *gal*
Application event totals		27.02	0.00	0.00	93.00	

04/30/2023	Surface (irrigation)	No precipitation	No precipitation	No precipitation

Source description	Material type	N (lbs/acre)	P (lbs/acre)	K (lbs/acre)	Salt (lbs/acre)	Amount
Irrigation Well	Ground water	1.42	0.00	0.00	93.00	3,383,000.00 *gal*
Application event totals		1.42	0.00	0.00	93.00	

05/14/2023	Surface (irrigation)	No precipitation	No precipitation	No precipitation

Source description	Material type	N (lbs/acre)	P (lbs/acre)	K (lbs/acre)	Salt (lbs/acre)	Amount
UN32	Solid commercial fertilizer	25.60	0.00	0.00	0.00	
Irrigation Well	Ground water	1.42	0.00	0.00	93.00	3,383,000.00 *gal*
Application event totals		27.02	0.00	0.00	93.00	

05/28/2023	Surface (irrigation)	No precipitation	No precipitation	No precipitation

Source description	Material type	N (lbs/acre)	P (lbs/acre)	K (lbs/acre)	Salt (lbs/acre)	Amount
Irrigation Well	Ground water	1.42	0.00	0.00	93.00	3,383,000.00 *gal*
Application event totals		1.42	0.00	0.00	93.00	

06/11/2023	Surface (irrigation)	No precipitation	No precipitation	No precipitation

Source description	Material type	N (lbs/acre)	P (lbs/acre)	K (lbs/acre)	Salt (lbs/acre)	Amount
Irrigation Well	Ground water	1.43	0.00	0.00	93.93	3,417,000.00 *gal*
Application event totals		1.43	0.00	0.00	93.93	

06/25/2023	Surface (irrigation)	No precipitation	No precipitation	No precipitation

Source description	Material type	N (lbs/acre)	P (lbs/acre)	K (lbs/acre)	Salt (lbs/acre)	Amount
Irrigation Well	Ground water	1.43	0.00	0.00	93.93	3,417,000.00 *gal*
Application event totals		1.43	0.00	0.00	93.93	

15 - 02/11/2017: Almond, in shell

Application date	Application method	Precipitation 24 hours prior	Precipitation during application	Precipitation 24 hours following
07/09/2023	Surface (irrigation)	No precipitation	No precipitation	No precipitation

Source description	Material type	N (lbs/acre)	P (lbs/acre)	K (lbs/acre)	Salt (lbs/acre)	Amount
Irrigation Well	Ground water	1.43	0.00	0.00	93.93	3,417,000.00 *gal*
Application event totals		1.43	0.00	0.00	93.93	

07/23/2023	Surface (irrigation)	No precipitation	No precipitation	No precipitation

Source description	Material type	N (lbs/acre)	P (lbs/acre)	K (lbs/acre)	Salt (lbs/acre)	Amount
Irrigation Well	Ground water	1.43	0.00	0.00	93.93	3,417,000.00 *gal*
Application event totals		1.43	0.00	0.00	93.93	

08/06/2023	Surface (irrigation)	No precipitation	No precipitation	No precipitation

Source description	Material type	N (lbs/acre)	P (lbs/acre)	K (lbs/acre)	Salt (lbs/acre)	Amount
Irrigation Well	Ground water	1.43	0.00	0.00	93.93	3,417,000.00 *gal*
Application event totals		1.43	0.00	0.00	93.93	

08/06/2023	Surface (irrigation)	No precipitation	No precipitation	No precipitation

Source description	Material type	N (lbs/acre)	P (lbs/acre)	K (lbs/acre)	Salt (lbs/acre)	Amount
Irrigation Well	Ground water	1.43	0.00	0.00	93.93	3,417,000.00 *gal*
Application event totals		1.43	0.00	0.00	93.93	

08/20/2023	Surface (irrigation)	No precipitation	No precipitation	No precipitation

Source description	Material type	N (lbs/acre)	P (lbs/acre)	K (lbs/acre)	Salt (lbs/acre)	Amount
Irrigation Well	Ground water	1.43	0.00	0.00	93.93	3,417,000.00 *gal*
Application event totals		1.43	0.00	0.00	93.93	

09/03/2023	Surface (irrigation)	No precipitation	No precipitation	No precipitation

Source description	Material type	N (lbs/acre)	P (lbs/acre)	K (lbs/acre)	Salt (lbs/acre)	Amount
Irrigation Well	Ground water	1.43	0.00	0.00	93.93	3,417,000.00 *gal*
Application event totals		1.43	0.00	0.00	93.93	

15 - 02/11/2017: Almond, in shell

Application date	Application method	Precipitation 24 hours prior	Precipitation during application	Precipitation 24 hours following
09/17/2023	Surface (irrigation)	No precipitation	No precipitation	No precipitation

Source description	Material type	N (lbs/acre)	P (lbs/acre)	K (lbs/acre)	Salt (lbs/acre)	Amount
Irrigation Well	Ground water	1.43	0.00	0.00	93.93	3,417,000.00 *gal*
Application event totals		1.43	0.00	0.00	93.93	

3 - 10/27/2022: Oats, silage-soft dough

Field name: 3

Crop: Oats, silage-soft dough Plant date: 10/27/2022

Application date	Application method	Precipitation 24 hours prior	Precipitation during application	Precipitation 24 hours following
02/03/2023	Surface (irrigation)	No precipitation	No precipitation	No precipitation

Source description	Material type	N (lbs/acre)	P (lbs/acre)	K (lbs/acre)	Salt (lbs/acre)	Amount
WWS	Process wastewater	103.49	8.14	64.14	612.86	684,000.00 *gal*
Application event totals		103.49	8.14	64.14	612.86	

Application date	Application method	Precipitation 24 hours prior	Precipitation during application	Precipitation 24 hours following
04/12/2023	Surface (irrigation)	No precipitation	No precipitation	No precipitation

Source description	Material type	N (lbs/acre)	P (lbs/acre)	K (lbs/acre)	Salt (lbs/acre)	Amount
WWS	Process wastewater	132.56	15.36	102.89	901.26	855,000.00 *gal*
Application event totals		132.56	15.36	102.89	901.26	

3 - 06/20/2023: Corn, silage

Field name: 3

Crop: Corn, silage Plant date: 06/20/2023

Application date	Application method	Precipitation 24 hours prior	Precipitation during application	Precipitation 24 hours following

3 - 06/20/2023: Corn, silage

Application date	Application method	Precipitation 24 hours prior	Precipitation during application	Precipitation 24 hours following
06/06/2023	Surface (irrigation)	No precipitation	No precipitation	No precipitation

Source description	Material type	N (lbs/acre)	P (lbs/acre)	K (lbs/acre)	Salt (lbs/acre)	Amount
WWS	Process wastewater	150.24	17.41	116.61	1,021.43	969,000.00 *gal*
Irrigation Well	Ground water	0.52	0.00	0.00	36.40	1,275,000.00 *gal*
Canal	Surface water	0.00	0.00	0.00	25.76	2,550,000.00 *gal*
Application event totals		150.75	17.41	116.61	1,083.59	

06/20/2023	Sidedress	No precipitation	No precipitation	No precipitation

Source description	Material type	N (lbs/acre)	P (lbs/acre)	K (lbs/acre)	Salt (lbs/acre)	Amount
4-0-0	Solid commercial fertilizer	8.00	0.00	0.00	0.00	
Application event totals		8.00	0.00	0.00	0.00	

07/16/2023	Surface (irrigation)	No precipitation	No precipitation	No precipitation

Source description	Material type	N (lbs/acre)	P (lbs/acre)	K (lbs/acre)	Salt (lbs/acre)	Amount
Canal	Surface water	0.00	0.00	0.00	50.00	4,950,000.00 *gal*
Application event totals		0.00	0.00	0.00	50.00	

07/29/2023	Surface (irrigation)	No precipitation	No precipitation	No precipitation

Source description	Material type	N (lbs/acre)	P (lbs/acre)	K (lbs/acre)	Salt (lbs/acre)	Amount
WWS	Process wastewater	103.07	16.21	128.12	978.87	1,311,000.00 *gal*
Canal	Surface water	0.00	0.00	0.00	34.85	3,450,000.00 *gal*
Application event totals		103.07	16.21	128.12	1,013.72	

08/13/2023	Surface (irrigation)	No precipitation	No precipitation	No precipitation

Source description	Material type	N (lbs/acre)	P (lbs/acre)	K (lbs/acre)	Salt (lbs/acre)	Amount
Canal	Surface water	0.00	0.00	0.00	50.00	4,950,000.00 *gal*
Application event totals		0.00	0.00	0.00	50.00	

3 - 06/20/2023: Corn, silage

Application date	Application method	Precipitation 24 hours prior	Precipitation during application	Precipitation 24 hours following
08/27/2023	Surface (irrigation)	No precipitation	No precipitation	No precipitation

Source description	Material type	N (lbs/acre)	P (lbs/acre)	K (lbs/acre)	Salt (lbs/acre)	Amount
Canal	Surface water	0.00	0.00	0.00	50.00	4,950,000.00 *gal*
Application event totals		0.00	0.00	0.00	50.00	

Application date	Application method	Precipitation 24 hours prior	Precipitation during application	Precipitation 24 hours following
09/11/2023	Pipeline	No precipitation	No precipitation	No precipitation

Source description	Material type	N (lbs/acre)	P (lbs/acre)	K (lbs/acre)	Salt (lbs/acre)	Amount
Canal	Surface water	0.00	0.00	0.00	48.49	4,800,000.00 *gal*
Application event totals		0.00	0.00	0.00	48.49	

Application date	Application method	Precipitation 24 hours prior	Precipitation during application	Precipitation 24 hours following
09/26/2023	Surface (irrigation)	No precipitation	No precipitation	No precipitation

Source description	Material type	N (lbs/acre)	P (lbs/acre)	K (lbs/acre)	Salt (lbs/acre)	Amount
Canal	Surface water	0.00	0.00	0.00	46.97	4,650,000.00 *gal*
Application event totals		0.00	0.00	0.00	46.97	

4 - 10/28/2022: Oats, silage-soft dough

Field name: 4

Crop: Oats, silage-soft dough

Plant date: 10/28/2022

Application date	Application method	Precipitation 24 hours prior	Precipitation during application	Precipitation 24 hours following
02/07/2023	Pipeline	No precipitation	No precipitation	No precipitation

Source description	Material type	N (lbs/acre)	P (lbs/acre)	K (lbs/acre)	Salt (lbs/acre)	Amount
WWS	Process wastewater	109.24	8.59	67.70	646.90	627,000.00 *gal*
Application event totals		109.24	8.59	67.70	646.90	

Application date	Application method	Precipitation 24 hours prior	Precipitation during application	Precipitation 24 hours following
03/15/2023	Pipeline	No precipitation	No precipitation	No precipitation

Source description	Material type	N (lbs/acre)	P (lbs/acre)	K (lbs/acre)	Salt (lbs/acre)	Amount
WWS	Process wastewater	129.11	10.16	80.01	764.52	741,000.00 *gal*
Application event totals		129.11	10.16	80.01	764.52	

4 - 06/22/2023: Corn, silage

Field name: 4

Crop: Corn, silage

Plant date: 06/22/2023

Application date	Application method	Precipitation 24 hours prior	Precipitation during application	Precipitation 24 hours following
06/08/2023	Surface (irrigation)	No precipitation	No precipitation	No precipitation

Source description	Material type	N (lbs/acre)	P (lbs/acre)	K (lbs/acre)	Salt (lbs/acre)	Amount
WWS	Process wastewater	152.65	17.69	118.48	1,037.81	855,000.00 *gal*
Irrigation Well	Ground water	0.60	0.00	0.00	35.28	1,125,000.00 *gal*
Canal	Surface water	0.00	0.00	0.00	26.17	2,250,000.00 *gal*
Application event totals		153.25	17.69	118.48	1,099.26	

06/22/2023	Sidedress	No precipitation	No precipitation	No precipitation

Source description	Material type	N (lbs/acre)	P (lbs/acre)	K (lbs/acre)	Salt (lbs/acre)	Amount
4-0-0	Solid commercial fertilizer	8.00	0.00	0.00	0.00	
Application event totals		8.00	0.00	0.00	0.00	

07/18/2023	Surface (irrigation)	No precipitation	No precipitation	No precipitation

Source description	Material type	N (lbs/acre)	P (lbs/acre)	K (lbs/acre)	Salt (lbs/acre)	Amount
Canal	Surface water	0.00	0.00	0.00	50.60	4,350,000.00 *gal*
Application event totals		0.00	0.00	0.00	50.60	

07/31/2023	Surface (irrigation)	No precipitation	No precipitation	No precipitation

Source description	Material type	N (lbs/acre)	P (lbs/acre)	K (lbs/acre)	Salt (lbs/acre)	Amount
WWS	Process wastewater	103.20	16.23	128.29	980.16	1,140,000.00 *gal*
Canal	Surface water	0.00	0.00	0.00	34.90	3,000,000.00 *gal*
Application event totals		103.20	16.23	128.29	1,015.06	

08/15/2023	Surface (irrigation)	No precipitation	No precipitation	No precipitation

Source description	Material type	N (lbs/acre)	P (lbs/acre)	K (lbs/acre)	Salt (lbs/acre)	Amount
Canal	Surface water	0.00	0.00	0.00	50.60	4,350,000.00 *gal*
Application event totals		0.00	0.00	0.00	50.60	

4 - 06/22/2023: Corn, silage

Application date	Application method	Precipitation 24 hours prior	Precipitation during application	Precipitation 24 hours following
08/29/2023	Surface (irrigation)	No precipitation	No precipitation	No precipitation

Source description	Material type	N (lbs/acre)	P (lbs/acre)	K (lbs/acre)	Salt (lbs/acre)	Amount
Canal	Surface water	0.00	0.00	0.00	50.60	4,350,000.00 *gal*
Application event totals		0.00	0.00	0.00	50.60	

Application date	Application method	Precipitation 24 hours prior	Precipitation during application	Precipitation 24 hours following
09/13/2023	Surface (irrigation)	No precipitation	No precipitation	No precipitation

Source description	Material type	N (lbs/acre)	P (lbs/acre)	K (lbs/acre)	Salt (lbs/acre)	Amount
Canal	Surface water	0.00	0.00	0.00	48.86	4,200,000.00 *gal*
Application event totals		0.00	0.00	0.00	48.86	

Application date	Application method	Precipitation 24 hours prior	Precipitation during application	Precipitation 24 hours following
09/28/2023	Surface (irrigation)	No precipitation	No precipitation	No precipitation

Source description	Material type	N (lbs/acre)	P (lbs/acre)	K (lbs/acre)	Salt (lbs/acre)	Amount
Canal	Surface water	0.00	0.00	0.00	47.11	4,050,000.00 *gal*
Application event totals		0.00	0.00	0.00	47.11	

5 - 10/28/2022: Oats, silage-soft dough

Field name: 5

Crop: Oats, silage-soft dough

Plant date: 10/28/2022

Application date	Application method	Precipitation 24 hours prior	Precipitation during application	Precipitation 24 hours following
02/08/2023	Surface (irrigation)	No precipitation	No precipitation	No precipitation

Source description	Material type	N (lbs/acre)	P (lbs/acre)	K (lbs/acre)	Salt (lbs/acre)	Amount
WWS	Process wastewater	114.71	9.02	71.09	679.25	798,000.00 *gal*
Application event totals		114.71	9.02	71.09	679.25	

Application date	Application method	Precipitation 24 hours prior	Precipitation during application	Precipitation 24 hours following
04/13/2023	Surface (irrigation)	No precipitation	No precipitation	No precipitation

Source description	Material type	N (lbs/acre)	P (lbs/acre)	K (lbs/acre)	Salt (lbs/acre)	Amount
WWS	Process wastewater	125.93	14.59	97.75	856.20	855,000.00 *gal*
Application event totals		125.93	14.59	97.75	856.20	

5 - 06/22/2023: Corn, silage

Field name: 5

Crop: Corn, silage

Plant date: 06/22/2023

Application date	Application method	Precipitation 24 hours prior	Precipitation during application	Precipitation 24 hours following
06/09/2023	Surface (irrigation)	No precipitation	No precipitation	No precipitation

Source description	Material type	N (lbs/acre)	P (lbs/acre)	K (lbs/acre)	Salt (lbs/acre)	Amount
WWS	Process wastewater	159.51	18.48	123.82	1,084.52	1,083,000.00 *gal*
Irrigation Well	Ground water	0.55	0.00	0.00	38.65	1,425,000.00 *gal*
Canal	Surface water	0.00	0.00	0.00	27.35	2,850,000.00 *gal*
Application event totals		160.06	18.48	123.82	1,150.51	

06/22/2023	Sidedress	No precipitation	No precipitation	No precipitation

Source description	Material type	N (lbs/acre)	P (lbs/acre)	K (lbs/acre)	Salt (lbs/acre)	Amount
4-0-0	Solid commercial fertilizer	8.00	0.00	0.00	0.00	
Application event totals		8.00	0.00	0.00	0.00	

07/19/2023	Surface (irrigation)	No precipitation	No precipitation	No precipitation

Source description	Material type	N (lbs/acre)	P (lbs/acre)	K (lbs/acre)	Salt (lbs/acre)	Amount
Canal	Surface water	0.00	0.00	0.00	50.38	5,250,000.00 *gal*
Application event totals		0.00	0.00	0.00	50.38	

08/01/2023	Surface (irrigation)	No precipitation	No precipitation	No precipitation

Source description	Material type	N (lbs/acre)	P (lbs/acre)	K (lbs/acre)	Salt (lbs/acre)	Amount
WWS	Process wastewater	106.43	16.74	132.29	1,010.79	1,425,000.00 *gal*
Canal	Surface water	0.00	0.00	0.00	35.99	3,750,000.00 *gal*
Application event totals		106.43	16.74	132.29	1,046.78	

08/16/2023	Surface (irrigation)	No precipitation	No precipitation	No precipitation

Source description	Material type	N (lbs/acre)	P (lbs/acre)	K (lbs/acre)	Salt (lbs/acre)	Amount
Canal	Surface water	0.00	0.00	0.00	50.38	5,250,000.00 *gal*
Application event totals		0.00	0.00	0.00	50.38	

5 - 06/22/2023: Corn, silage

Application date	Application method	Precipitation 24 hours prior	Precipitation during application	Precipitation 24 hours following
08/30/2023	Surface (irrigation)	No precipitation	No precipitation	No precipitation

Source description	Material type	N (lbs/acre)	P (lbs/acre)	K (lbs/acre)	Salt (lbs/acre)	Amount
Canal	Surface water	0.00	0.00	0.00	48.94	5,100,000.00 *gal*
Application event totals		0.00	0.00	0.00	48.94	

Application date	Application method	Precipitation 24 hours prior	Precipitation during application	Precipitation 24 hours following
09/14/2023	Surface (irrigation)	No precipitation	No precipitation	No precipitation

Source description	Material type	N (lbs/acre)	P (lbs/acre)	K (lbs/acre)	Salt (lbs/acre)	Amount
Canal	Surface water	0.00	0.00	0.00	48.94	5,100,000.00 *gal*
Application event totals		0.00	0.00	0.00	48.94	

Application date	Application method	Precipitation 24 hours prior	Precipitation during application	Precipitation 24 hours following
09/29/2023	Surface (irrigation)	No precipitation	No precipitation	No precipitation

Source description	Material type	N (lbs/acre)	P (lbs/acre)	K (lbs/acre)	Salt (lbs/acre)	Amount
Canal	Surface water	0.00	0.00	0.00	46.06	4,800,000.00 *gal*
Application event totals		0.00	0.00	0.00	46.06	

6 - 10/26/2022: Oats, silage-soft dough

Field name: 6

Crop: Oats, silage-soft dough

Plant date: 10/26/2022

Application date	Application method	Precipitation 24 hours prior	Precipitation during application	Precipitation 24 hours following
03/16/2023	Surface (irrigation)	No precipitation	No precipitation	No precipitation

Source description	Material type	N (lbs/acre)	P (lbs/acre)	K (lbs/acre)	Salt (lbs/acre)	Amount
WWS	Process wastewater	174.11	13.70	107.90	1,031.00	969,000.00 *gal*
Application event totals		174.11	13.70	107.90	1,031.00	

6 - 06/23/2023: Corn, silage

Field name: 6

Crop: Corn, silage

Plant date: 06/23/2023

6 - 06/23/2023: Corn, silage

Application date	Application method	Precipitation 24 hours prior	Precipitation during application	Precipitation 24 hours following
06/10/2023	Surface (irrigation)	No precipitation	No precipitation	No precipitation

Source description	Material type	N (lbs/acre)	P (lbs/acre)	K (lbs/acre)	Salt (lbs/acre)	Amount
Irrigation Well	Ground water	0.79	0.00	0.00	46.08	1,425,000.00 *gal*
Canal	Surface water	0.00	0.00	0.00	34.19	2,850,000.00 *gal*
Application event totals		0.79	0.00	0.00	80.27	

Application date	Application method	Precipitation 24 hours prior	Precipitation during application	Precipitation 24 hours following
06/23/2023	Sidedress	No precipitation	No precipitation	No precipitation

Source description	Material type	N (lbs/acre)	P (lbs/acre)	K (lbs/acre)	Salt (lbs/acre)	Amount
4-0-0	Solid commercial fertilizer	8.00	0.00	0.00	0.00	
Application event totals		8.00	0.00	0.00	0.00	

Application date	Application method	Precipitation 24 hours prior	Precipitation during application	Precipitation 24 hours following
07/21/2023	Surface (irrigation)	No precipitation	No precipitation	No precipitation

Source description	Material type	N (lbs/acre)	P (lbs/acre)	K (lbs/acre)	Salt (lbs/acre)	Amount
Canal	Surface water	0.00	0.00	0.00	50.38	4,200,000.00 *gal*
Application event totals		0.00	0.00	0.00	50.38	

Application date	Application method	Precipitation 24 hours prior	Precipitation during application	Precipitation 24 hours following
08/02/2023	Surface (irrigation)	No precipitation	No precipitation	No precipitation

Source description	Material type	N (lbs/acre)	P (lbs/acre)	K (lbs/acre)	Salt (lbs/acre)	Amount
WWS	Process wastewater	106.43	16.74	132.29	1,010.79	1,140,000.00 *gal*
Canal	Surface water	0.00	0.00	0.00	35.99	3,000,000.00 *gal*
Application event totals		106.43	16.74	132.29	1,046.78	

Application date	Application method	Precipitation 24 hours prior	Precipitation during application	Precipitation 24 hours following
08/18/2023	Pipeline	No precipitation	No precipitation	No precipitation

Source description	Material type	N (lbs/acre)	P (lbs/acre)	K (lbs/acre)	Salt (lbs/acre)	Amount
WWS	Process wastewater	101.11	15.90	125.68	960.25	1,083,000.00 *gal*
Canal	Surface water	0.00	0.00	0.00	34.19	2,850,000.00 *gal*
Application event totals		101.11	15.90	125.68	994.44	

6 - 06/23/2023: Corn, silage

Application date	Application method	Precipitation 24 hours prior	Precipitation during application	Precipitation 24 hours following
09/01/2023	Surface (irrigation)	No precipitation	No precipitation	No precipitation

Source description	Material type	N (lbs/acre)	P (lbs/acre)	K (lbs/acre)	Salt (lbs/acre)	Amount
Canal	Surface water	0.00	0.00	0.00	50.38	4,200,000.00 *gal*
Application event totals		0.00	0.00	0.00	50.38	

Application date	Application method	Precipitation 24 hours prior	Precipitation during application	Precipitation 24 hours following
09/16/2023	Surface (irrigation)	No precipitation	No precipitation	No precipitation

Source description	Material type	N (lbs/acre)	P (lbs/acre)	K (lbs/acre)	Salt (lbs/acre)	Amount
Canal	Surface water	0.00	0.00	0.00	48.58	4,050,000.00 *gal*
Application event totals		0.00	0.00	0.00	48.58	

Application date	Application method	Precipitation 24 hours prior	Precipitation during application	Precipitation 24 hours following
09/30/2023	Surface (irrigation)	No precipitation	No precipitation	No precipitation

Source description	Material type	N (lbs/acre)	P (lbs/acre)	K (lbs/acre)	Salt (lbs/acre)	Amount
Canal	Surface water	0.00	0.00	0.00	46.78	3,900,000.00 *gal*
Application event totals		0.00	0.00	0.00	46.78	

7 - 10/26/2022: Oats, silage-soft dough

Field name: 7

Crop: Oats, silage-soft dough

Plant date: 10/26/2022

Application date	Application method	Precipitation 24 hours prior	Precipitation during application	Precipitation 24 hours following
03/17/2023	Surface (irrigation)	No precipitation	No precipitation	No precipitation

Source description	Material type	N (lbs/acre)	P (lbs/acre)	K (lbs/acre)	Salt (lbs/acre)	Amount
WWS	Process wastewater	196.64	15.47	121.87	1,164.43	1,368,000.00 *gal*
Application event totals		196.64	15.47	121.87	1,164.43	

7 - 06/23/2023: Corn, silage

Field name: 7

Crop: Corn, silage

Plant date: 06/23/2023

7 - 06/23/2023: Corn, silage

Application date	Application method	Precipitation 24 hours prior	Precipitation during application	Precipitation 24 hours following
06/11/2023	Surface (irrigation)	No precipitation	No precipitation	No precipitation

Source description	Material type	N (lbs/acre)	P (lbs/acre)	K (lbs/acre)	Salt (lbs/acre)	Amount
WWS	Process wastewater	159.51	18.48	123.82	1,084.52	1,083,000.00 *gal*
Irrigation Well	Ground water	0.55	0.00	0.00	38.65	1,425,000.00 *gal*
Canal	Surface water	0.00	0.00	0.00	27.35	2,850,000.00 *gal*
Application event totals		160.06	18.48	123.82	1,150.51	

06/23/2023	Sidedress	No precipitation	No precipitation	No precipitation

Source description	Material type	N (lbs/acre)	P (lbs/acre)	K (lbs/acre)	Salt (lbs/acre)	Amount
4-0-0	Solid commercial fertilizer	8.00	0.00	0.00	0.00	
Application event totals		8.00	0.00	0.00	0.00	

07/22/2023	Surface (irrigation)	No precipitation	No precipitation	No precipitation

Source description	Material type	N (lbs/acre)	P (lbs/acre)	K (lbs/acre)	Salt (lbs/acre)	Amount
Canal	Surface water	0.00	0.00	0.00	50.38	5,250,000.00 *gal*
Application event totals		0.00	0.00	0.00	50.38	

08/03/2023	Surface (irrigation)	No precipitation	No precipitation	No precipitation

Source description	Material type	N (lbs/acre)	P (lbs/acre)	K (lbs/acre)	Salt (lbs/acre)	Amount
WWS	Process wastewater	106.43	16.74	132.29	1,010.79	1,425,000.00 *gal*
Canal	Surface water	0.00	0.00	0.00	35.99	3,750,000.00 *gal*
Application event totals		106.43	16.74	132.29	1,046.78	

08/19/2023	Surface (irrigation)	No precipitation	No precipitation	No precipitation

Source description	Material type	N (lbs/acre)	P (lbs/acre)	K (lbs/acre)	Salt (lbs/acre)	Amount
Canal	Surface water	0.00	0.00	0.00	50.38	5,250,000.00 *gal*
Application event totals		0.00	0.00	0.00	50.38	

7 - 06/23/2023: Corn, silage

Application date	Application method	Precipitation 24 hours prior	Precipitation during application	Precipitation 24 hours following
09/02/2023	Surface (irrigation)	No precipitation	No precipitation	No precipitation

Source description	Material type	N (lbs/acre)	P (lbs/acre)	K (lbs/acre)	Salt (lbs/acre)	Amount
Canal	Surface water	0.00	0.00	0.00	48.94	5,100,000.00 *gal*
Application event totals		0.00	0.00	0.00	48.94	

Application date	Application method	Precipitation 24 hours prior	Precipitation during application	Precipitation 24 hours following
09/17/2023	Surface (irrigation)	No precipitation	No precipitation	No precipitation

Source description	Material type	N (lbs/acre)	P (lbs/acre)	K (lbs/acre)	Salt (lbs/acre)	Amount
Canal	Surface water	0.00	0.00	0.00	48.94	5,100,000.00 *gal*
Application event totals		0.00	0.00	0.00	48.94	

Application date	Application method	Precipitation 24 hours prior	Precipitation during application	Precipitation 24 hours following
10/01/2023	Surface (irrigation)	No precipitation	No precipitation	No precipitation

Source description	Material type	N (lbs/acre)	P (lbs/acre)	K (lbs/acre)	Salt (lbs/acre)	Amount
Canal	Surface water	0.00	0.00	0.00	47.50	4,950,000.00 *gal*
Application event totals		0.00	0.00	0.00	47.50	

8 - 10/29/2022: Oats, silage-soft dough

Field name: 8

Crop: Oats, silage-soft dough

Plant date: 10/29/2022

Application date	Application method	Precipitation 24 hours prior	Precipitation during application	Precipitation 24 hours following
02/10/2023	Surface (irrigation)	No precipitation	No precipitation	No precipitation

Source description	Material type	N (lbs/acre)	P (lbs/acre)	K (lbs/acre)	Salt (lbs/acre)	Amount
WWS	Process wastewater	117.98	9.28	73.12	698.66	1,026,000.00 *gal*
Application event totals		117.98	9.28	73.12	698.66	

Application date	Application method	Precipitation 24 hours prior	Precipitation during application	Precipitation 24 hours following
04/14/2023	Surface (irrigation)	No precipitation	No precipitation	No precipitation

Source description	Material type	N (lbs/acre)	P (lbs/acre)	K (lbs/acre)	Salt (lbs/acre)	Amount
WWS	Process wastewater	120.90	14.01	93.84	821.95	1,026,000.00 *gal*
Application event totals		120.90	14.01	93.84	821.95	

8 - 06/24/2023: Corn, silage

Field name: 8

Crop: Corn, silage

Plant date: 06/24/2023

Application date	Application method	Precipitation 24 hours prior	Precipitation during application	Precipitation 24 hours following
06/12/2023	Surface (irrigation)	No precipitation	No precipitation	No precipitation

Source description	Material type	N (lbs/acre)	P (lbs/acre)	K (lbs/acre)	Salt (lbs/acre)	Amount
WWS	Process wastewater	154.48	17.90	119.91	1,050.27	1,311,000.00 *gal*
Irrigation Well	Ground water	0.61	0.00	0.00	35.70	1,725,000.00 *gal*
Canal	Surface water	0.00	0.00	0.00	26.49	3,450,000.00 *gal*
Application event totals		155.09	17.90	119.91	1,112.46	

06/24/2023	Sidedress	No precipitation	No precipitation	No precipitation

Source description	Material type	N (lbs/acre)	P (lbs/acre)	K (lbs/acre)	Salt (lbs/acre)	Amount
4-0-0	Solid commercial fertilizer	8.00	0.00	0.00	0.00	
Application event totals		8.00	0.00	0.00	0.00	

07/24/2023	Surface (irrigation)	No precipitation	No precipitation	No precipitation

Source description	Material type	N (lbs/acre)	P (lbs/acre)	K (lbs/acre)	Salt (lbs/acre)	Amount
Canal	Surface water	0.00	0.00	0.00	50.67	6,600,000.00 *gal*
Application event totals		0.00	0.00	0.00	50.67	

08/04/2023	Surface (irrigation)	No precipitation	No precipitation	No precipitation

Source description	Material type	N (lbs/acre)	P (lbs/acre)	K (lbs/acre)	Salt (lbs/acre)	Amount
WWS	Process wastewater	102.17	16.07	127.00	970.36	1,710,000.00 *gal*
Canal	Surface water	0.00	0.00	0.00	34.55	4,500,000.00 *gal*
Application event totals		102.17	16.07	127.00	1,004.90	

08/21/2023	Surface (irrigation)	No precipitation	No precipitation	No precipitation

Source description	Material type	N (lbs/acre)	P (lbs/acre)	K (lbs/acre)	Salt (lbs/acre)	Amount
Canal	Surface water	0.00	0.00	0.00	50.67	6,600,000.00 *gal*
Application event totals		0.00	0.00	0.00	50.67	

8 - 06/24/2023: Corn, silage

Application date	Application method	Precipitation 24 hours prior	Precipitation during application	Precipitation 24 hours following
09/04/2023	Surface (irrigation)	No precipitation	No precipitation	No precipitation

Source description	Material type	N (lbs/acre)	P (lbs/acre)	K (lbs/acre)	Salt (lbs/acre)	Amount
Canal	Surface water	0.00	0.00	0.00	48.37	6,300,000.00 *gal*
Application event totals		0.00	0.00	0.00	48.37	

Application date	Application method	Precipitation 24 hours prior	Precipitation during application	Precipitation 24 hours following
09/19/2023	Surface (irrigation)	No precipitation	No precipitation	No precipitation

Source description	Material type	N (lbs/acre)	P (lbs/acre)	K (lbs/acre)	Salt (lbs/acre)	Amount
Canal	Surface water	0.00	0.00	0.00	48.37	6,300,000.00 *gal*
Application event totals		0.00	0.00	0.00	48.37	

Application date	Application method	Precipitation 24 hours prior	Precipitation during application	Precipitation 24 hours following
10/02/2023	Surface (irrigation)	No precipitation	No precipitation	No precipitation

Source description	Material type	N (lbs/acre)	P (lbs/acre)	K (lbs/acre)	Salt (lbs/acre)	Amount
Canal	Surface water	0.00	0.00	0.00	46.06	6,000,000.00 *gal*
Application event totals		0.00	0.00	0.00	46.06	

9 - 10/29/2022: Oats, silage-soft dough

Field name: 9

Crop: Oats, silage-soft dough

Plant date: 10/29/2022

Application date	Application method	Precipitation 24 hours prior	Precipitation during application	Precipitation 24 hours following
02/11/2023	Surface (irrigation)	No precipitation	No precipitation	No precipitation

Source description	Material type	N (lbs/acre)	P (lbs/acre)	K (lbs/acre)	Salt (lbs/acre)	Amount
WWS	Process wastewater	113.45	8.92	70.31	671.79	1,026,000.00 *gal*
Application event totals		113.45	8.92	70.31	671.79	

Application date	Application method	Precipitation 24 hours prior	Precipitation during application	Precipitation 24 hours following
04/15/2023	Surface (irrigation)	No precipitation	No precipitation	No precipitation

Source description	Material type	N (lbs/acre)	P (lbs/acre)	K (lbs/acre)	Salt (lbs/acre)	Amount
WWS	Process wastewater	116.25	13.47	90.23	790.34	1,026,000.00 *gal*
Application event totals		116.25	13.47	90.23	790.34	

9 - 06/25/2023: Corn, silage

Field name: 9

Crop: Corn, silage

Plant date: 06/25/2023

Application date	Application method	Precipitation 24 hours prior	Precipitation during application	Precipitation 24 hours following
06/13/2023	Surface (irrigation)	No precipitation	No precipitation	No precipitation

Source description	Material type	N (lbs/acre)	P (lbs/acre)	K (lbs/acre)	Salt (lbs/acre)	Amount
WWS	Process wastewater	154.99	17.96	120.31	1,053.78	1,368,000.00 *gal*
Irrigation Well	Ground water	0.53	0.00	0.00	37.55	1,800,000.00 *gal*
Canal	Surface water	0.00	0.00	0.00	26.58	3,600,000.00 *gal*
Application event totals		155.53	17.96	120.31	1,117.91	

06/25/2023	Sidedress	No precipitation	No precipitation	No precipitation

Source description	Material type	N (lbs/acre)	P (lbs/acre)	K (lbs/acre)	Salt (lbs/acre)	Amount
4-0-0	Solid commercial fertilizer	8.00	0.00	0.00	0.00	
Application event totals		8.00	0.00	0.00	0.00	

07/26/2023	Surface (irrigation)	No precipitation	No precipitation	No precipitation

Source description	Material type	N (lbs/acre)	P (lbs/acre)	K (lbs/acre)	Salt (lbs/acre)	Amount
Canal	Surface water	0.00	0.00	0.00	50.94	6,900,000.00 *gal*
Application event totals		0.00	0.00	0.00	50.94	

08/05/2023	Surface (irrigation)	No precipitation	No precipitation	No precipitation

Source description	Material type	N (lbs/acre)	P (lbs/acre)	K (lbs/acre)	Salt (lbs/acre)	Amount
Canal	Surface water	0.00	0.00	0.00	49.83	6,750,000.00 *gal*
Application event totals		0.00	0.00	0.00	49.83	

08/23/2023	Surface (irrigation)	No precipitation	No precipitation	No precipitation

Source description	Material type	N (lbs/acre)	P (lbs/acre)	K (lbs/acre)	Salt (lbs/acre)	Amount
WWS	Process wastewater	104.79	16.48	130.26	995.24	1,824,000.00 *gal*
Canal	Surface water	0.00	0.00	0.00	35.43	4,800,000.00 *gal*
Application event totals		104.79	16.48	130.26	1,030.67	

9 - 06/25/2023: Corn, silage

Application date	Application method	Precipitation 24 hours prior	Precipitation during application	Precipitation 24 hours following
09/06/2023	Surface (irrigation)	No precipitation	No precipitation	No precipitation

Source description	Material type	N (lbs/acre)	P (lbs/acre)	K (lbs/acre)	Salt (lbs/acre)	Amount
Canal	Surface water	0.00	0.00	0.00	49.83	6,750,000.00 *gal*
Application event totals		0.00	0.00	0.00	49.83	

Application date	Application method	Precipitation 24 hours prior	Precipitation during application	Precipitation 24 hours following
09/21/2023	Surface (irrigation)	No precipitation	No precipitation	No precipitation

Source description	Material type	N (lbs/acre)	P (lbs/acre)	K (lbs/acre)	Salt (lbs/acre)	Amount
Canal	Surface water	0.00	0.00	0.00	48.72	6,600,000.00 *gal*
Application event totals		0.00	0.00	0.00	48.72	

Application date	Application method	Precipitation 24 hours prior	Precipitation during application	Precipitation 24 hours following
10/04/2023	Surface (irrigation)	No precipitation	No precipitation	No precipitation

Source description	Material type	N (lbs/acre)	P (lbs/acre)	K (lbs/acre)	Salt (lbs/acre)	Amount
Canal	Surface water	0.00	0.00	0.00	46.51	6,300,000.00 *gal*
Application event totals		0.00	0.00	0.00	46.51	

Carter Field 1 - 10/03/2016: Almond, in shell

Field name: Carter Field 1

Crop: Almond, in shell

Plant date: 10/03/2016

Application date	Application method	Precipitation 24 hours prior	Precipitation during application	Precipitation 24 hours following
09/16/2022	Surface (irrigation)	No precipitation	No precipitation	No precipitation

Source description	Material type	N (lbs/acre)	P (lbs/acre)	K (lbs/acre)	Salt (lbs/acre)	Amount
Irrigation Well	Ground water	0.00	0.00	0.00	174.67	2,960,900.00 *gal*
Application event totals		0.00	0.00	0.00	174.67	

Application date	Application method	Precipitation 24 hours prior	Precipitation during application	Precipitation 24 hours following
09/30/2022	Surface (irrigation)	No precipitation	No precipitation	No precipitation

Source description	Material type	N (lbs/acre)	P (lbs/acre)	K (lbs/acre)	Salt (lbs/acre)	Amount
Irrigation Well	Ground water	0.00	0.00	0.00	174.67	2,960,900.00 *gal*
Application event totals		0.00	0.00	0.00	174.67	

Carter Field 1 - 10/03/2016: Almond, in shell

Application date	Application method	Precipitation 24 hours prior	Precipitation during application	Precipitation 24 hours following
11/01/2022	Broadcast/incorporate	No precipitation	No precipitation	No precipitation

Source description	Material type	N (lbs/acre)	P (lbs/acre)	K (lbs/acre)	Salt (lbs/acre)	Amount
Solid Manure	Corral solids	54.19	17.82	89.65	472.81	64.00 *ton*
Application event totals		54.19	17.82	89.65	472.81	

Application date	Application method	Precipitation 24 hours prior	Precipitation during application	Precipitation 24 hours following
03/03/2023	Sidedress	No precipitation	No precipitation	No precipitation

Source description	Material type	N (lbs/acre)	P (lbs/acre)	K (lbs/acre)	Salt (lbs/acre)	Amount
CAN 17	Solid commercial fertilizer	37.40	0.00	0.00	0.00	
Application event totals		37.40	0.00	0.00	0.00	

Application date	Application method	Precipitation 24 hours prior	Precipitation during application	Precipitation 24 hours following
04/14/2023	Surface (irrigation)	No precipitation	No precipitation	No precipitation

Source description	Material type	N (lbs/acre)	P (lbs/acre)	K (lbs/acre)	Salt (lbs/acre)	Amount
UN32	Solid commercial fertilizer	25.60	0.00	0.00	0.00	
Irrigation Well	Ground water	1.48	0.00	0.00	98.89	2,863,750.00 *gal*
Application event totals		27.08	0.00	0.00	98.89	

Application date	Application method	Precipitation 24 hours prior	Precipitation during application	Precipitation 24 hours following
04/28/2023	Surface (irrigation)	No precipitation	No precipitation	No precipitation

Source description	Material type	N (lbs/acre)	P (lbs/acre)	K (lbs/acre)	Salt (lbs/acre)	Amount
Irrigation Well	Ground water	1.48	0.00	0.00	98.89	2,863,750.00 *gal*
Application event totals		1.48	0.00	0.00	98.89	

Application date	Application method	Precipitation 24 hours prior	Precipitation during application	Precipitation 24 hours following
05/12/2023	Surface (irrigation)	No precipitation	No precipitation	No precipitation

Source description	Material type	N (lbs/acre)	P (lbs/acre)	K (lbs/acre)	Salt (lbs/acre)	Amount
UN32	Solid commercial fertilizer	25.60	0.00	0.00	0.00	
Irrigation Well	Ground water	1.48	0.00	0.00	98.89	2,863,750.00 *gal*
Application event totals		27.08	0.00	0.00	98.89	

Application date	Application method	Precipitation 24 hours prior	Precipitation during application	Precipitation 24 hours following
05/26/2023	Surface (irrigation)	No precipitation	No precipitation	No precipitation

Source description	Material type	N (lbs/acre)	P (lbs/acre)	K (lbs/acre)	Salt (lbs/acre)	Amount
Irrigation Well	Ground water	1.48	0.00	0.00	98.89	2,863,750.00 *gal*
Application event totals		1.48	0.00	0.00	98.89	

Carter Field 1 - 10/03/2016: Almond, in shell

Application date	Application method	Precipitation 24 hours prior	Precipitation during application	Precipitation 24 hours following
06/09/2023	Surface (irrigation)	No precipitation	No precipitation	No precipitation

Source description	Material type	N (lbs/acre)	P (lbs/acre)	K (lbs/acre)	Salt (lbs/acre)	Amount
Irrigation Well	Ground water	1.50	0.00	0.00	100.24	2,902,900.00 *gal*
Application event totals		1.50	0.00	0.00	100.24	

Application date	Application method	Precipitation 24 hours prior	Precipitation during application	Precipitation 24 hours following
06/23/2023	Surface (irrigation)	No precipitation	No precipitation	No precipitation

Source description	Material type	N (lbs/acre)	P (lbs/acre)	K (lbs/acre)	Salt (lbs/acre)	Amount
Irrigation Well	Ground water	1.50	0.00	0.00	100.24	2,902,900.00 *gal*
Application event totals		1.50	0.00	0.00	100.24	

Application date	Application method	Precipitation 24 hours prior	Precipitation during application	Precipitation 24 hours following
07/07/2023	Surface (irrigation)	No precipitation	No precipitation	No precipitation

Source description	Material type	N (lbs/acre)	P (lbs/acre)	K (lbs/acre)	Salt (lbs/acre)	Amount
Irrigation Well	Ground water	1.50	0.00	0.00	100.24	2,902,900.00 *gal*
Application event totals		1.50	0.00	0.00	100.24	

Application date	Application method	Precipitation 24 hours prior	Precipitation during application	Precipitation 24 hours following
07/21/2023	Surface (irrigation)	No precipitation	No precipitation	No precipitation

Source description	Material type	N (lbs/acre)	P (lbs/acre)	K (lbs/acre)	Salt (lbs/acre)	Amount
Irrigation Well	Ground water	1.50	0.00	0.00	100.24	2,902,900.00 *gal*
Application event totals		1.50	0.00	0.00	100.24	

Application date	Application method	Precipitation 24 hours prior	Precipitation during application	Precipitation 24 hours following
08/04/2023	Surface (irrigation)	No precipitation	No precipitation	No precipitation

Source description	Material type	N (lbs/acre)	P (lbs/acre)	K (lbs/acre)	Salt (lbs/acre)	Amount
Irrigation Well	Ground water	1.50	0.00	0.00	100.24	2,902,900.00 *gal*
Application event totals		1.50	0.00	0.00	100.24	

Application date	Application method	Precipitation 24 hours prior	Precipitation during application	Precipitation 24 hours following
08/18/2023	Surface (irrigation)	No precipitation	No precipitation	No precipitation

Source description	Material type	N (lbs/acre)	P (lbs/acre)	K (lbs/acre)	Salt (lbs/acre)	Amount
Irrigation Well	Ground water	1.50	0.00	0.00	100.24	2,902,900.00 *gal*
Application event totals		1.50	0.00	0.00	100.24	

Carter Field 1 - 10/03/2016: Almond, in shell

Application date	Application method	Precipitation 24 hours prior	Precipitation during application	Precipitation 24 hours following
09/01/2023	Surface (irrigation)	No precipitation	No precipitation	No precipitation

Source description	Material type	N (lbs/acre)	P (lbs/acre)	K (lbs/acre)	Salt (lbs/acre)	Amount
Irrigation Well	Ground water	1.50	0.00	0.00	100.24	2,902,900.00 *gal*
Application event totals		1.50	0.00	0.00	100.24	

09/15/2023	Surface (irrigation)	No precipitation	No precipitation	No precipitation

Source description	Material type	N (lbs/acre)	P (lbs/acre)	K (lbs/acre)	Salt (lbs/acre)	Amount
Irrigation Well	Ground water	1.50	0.00	0.00	100.24	2,902,900.00 *gal*
Application event totals		1.50	0.00	0.00	100.24	

Carter Field 2 - 10/05/2016: Almond, in shell

Field name: Carter Field 2

Crop: Almond, in shell

Plant date: 10/05/2016

Application date	Application method	Precipitation 24 hours prior	Precipitation during application	Precipitation 24 hours following
09/16/2022	Surface (irrigation)	No precipitation	No precipitation	No precipitation

Source description	Material type	N (lbs/acre)	P (lbs/acre)	K (lbs/acre)	Salt (lbs/acre)	Amount
Irrigation Well	Ground water	0.00	0.00	0.00	140.72	7,154,000.00 *gal*
Application event totals		0.00	0.00	0.00	140.72	

09/30/2022	Surface (irrigation)	No precipitation	No precipitation	No precipitation

Source description	Material type	N (lbs/acre)	P (lbs/acre)	K (lbs/acre)	Salt (lbs/acre)	Amount
Irrigation Well	Ground water	0.00	0.00	0.00	140.72	7,154,000.00 *gal*
Application event totals		0.00	0.00	0.00	140.72	

11/01/2022	Broadcast/incorporate	No precipitation	No precipitation	No precipitation

Source description	Material type	N (lbs/acre)	P (lbs/acre)	K (lbs/acre)	Salt (lbs/acre)	Amount
Solid Manure	Corral solids	51.92	17.07	85.89	452.96	148.00 *ton*
Application event totals		51.92	17.07	85.89	452.96	

Carter Field 2 - 10/05/2016: Almond, in shell

Application date	Application method	Precipitation 24 hours prior	Precipitation during application	Precipitation 24 hours following
03/03/2023	Sidedress	No precipitation	No precipitation	No precipitation

Source description	Material type	N (lbs/acre)	P (lbs/acre)	K (lbs/acre)	Salt (lbs/acre)	Amount
CAN 17	Solid commercial fertilizer	37.40	0.00	0.00	0.00	
Application event totals		37.40	0.00	0.00	0.00	

04/14/2023	Surface (irrigation)	No precipitation	No precipitation	No precipitation

Source description	Material type	N (lbs/acre)	P (lbs/acre)	K (lbs/acre)	Salt (lbs/acre)	Amount
UN32	Solid commercial fertilizer	25.60	0.00	0.00	0.00	
Irrigation Well	Ground water	1.54	0.00	0.00	97.24	6,912,500.00 *gal*
Application event totals		27.14	0.00	0.00	97.24	

04/28/2023	Surface (irrigation)	No precipitation	No precipitation	No precipitation

Source description	Material type	N (lbs/acre)	P (lbs/acre)	K (lbs/acre)	Salt (lbs/acre)	Amount
Irrigation Well	Ground water	1.54	0.00	0.00	97.24	6,912,500.00 *gal*
Application event totals		1.54	0.00	0.00	97.24	

05/12/2023	Surface (irrigation)	No precipitation	No precipitation	No precipitation

Source description	Material type	N (lbs/acre)	P (lbs/acre)	K (lbs/acre)	Salt (lbs/acre)	Amount
UN32	Solid commercial fertilizer	25.60	0.00	0.00	0.00	
Irrigation Well	Ground water	1.54	0.00	0.00	97.24	6,912,500.00 *gal*
Application event totals		27.14	0.00	0.00	97.24	

05/26/2023	Surface (irrigation)	No precipitation	No precipitation	No precipitation

Source description	Material type	N (lbs/acre)	P (lbs/acre)	K (lbs/acre)	Salt (lbs/acre)	Amount
Irrigation Well	Ground water	1.54	0.00	0.00	97.24	6,912,500.00 *gal*
Application event totals		1.54	0.00	0.00	97.24	

06/09/2023	Surface (irrigation)	No precipitation	No precipitation	No precipitation

Source description	Material type	N (lbs/acre)	P (lbs/acre)	K (lbs/acre)	Salt (lbs/acre)	Amount
Irrigation Well	Ground water	1.56	0.00	0.00	98.57	7,007,000.00 *gal*
Application event totals		1.56	0.00	0.00	98.57	

Carter Field 2 - 10/05/2016: Almond, in shell

Application date	Application method	Precipitation 24 hours prior	Precipitation during application	Precipitation 24 hours following
06/23/2023	Surface (irrigation)	No precipitation	No precipitation	No precipitation

Source description	Material type	N (lbs/acre)	P (lbs/acre)	K (lbs/acre)	Salt (lbs/acre)	Amount
Irrigation Well	Ground water	1.56	0.00	0.00	98.57	7,007,000.00 *gal*
Application event totals		1.56	0.00	0.00	98.57	

Application date	Application method	Precipitation 24 hours prior	Precipitation during application	Precipitation 24 hours following
07/07/2023	Surface (irrigation)	No precipitation	No precipitation	No precipitation

Source description	Material type	N (lbs/acre)	P (lbs/acre)	K (lbs/acre)	Salt (lbs/acre)	Amount
Irrigation Well	Ground water	1.56	0.00	0.00	98.57	7,007,000.00 *gal*
Application event totals		1.56	0.00	0.00	98.57	

Application date	Application method	Precipitation 24 hours prior	Precipitation during application	Precipitation 24 hours following
07/21/2023	Surface (irrigation)	No precipitation	No precipitation	No precipitation

Source description	Material type	N (lbs/acre)	P (lbs/acre)	K (lbs/acre)	Salt (lbs/acre)	Amount
Irrigation Well	Ground water	1.56	0.00	0.00	98.57	7,007,000.00 *gal*
Application event totals		1.56	0.00	0.00	98.57	

Application date	Application method	Precipitation 24 hours prior	Precipitation during application	Precipitation 24 hours following
08/04/2023	Surface (irrigation)	No precipitation	No precipitation	No precipitation

Source description	Material type	N (lbs/acre)	P (lbs/acre)	K (lbs/acre)	Salt (lbs/acre)	Amount
Irrigation Well	Ground water	1.56	0.00	0.00	98.57	7,007,000.00 *gal*
Application event totals		1.56	0.00	0.00	98.57	

Application date	Application method	Precipitation 24 hours prior	Precipitation during application	Precipitation 24 hours following
08/18/2023	Surface (irrigation)	No precipitation	No precipitation	No precipitation

Source description	Material type	N (lbs/acre)	P (lbs/acre)	K (lbs/acre)	Salt (lbs/acre)	Amount
Irrigation Well	Ground water	1.56	0.00	0.00	98.57	7,007,000.00 *gal*
Application event totals		1.56	0.00	0.00	98.57	

Application date	Application method	Precipitation 24 hours prior	Precipitation during application	Precipitation 24 hours following
09/01/2023	Surface (irrigation)	No precipitation	No precipitation	No precipitation

Source description	Material type	N (lbs/acre)	P (lbs/acre)	K (lbs/acre)	Salt (lbs/acre)	Amount
Irrigation Well	Ground water	1.56	0.00	0.00	98.57	7,007,000.00 *gal*
Application event totals		1.56	0.00	0.00	98.57	

Carter Field 2 - 10/05/2016: Almond, in shell

Application date	Application method	Precipitation 24 hours prior	Precipitation during application	Precipitation 24 hours following
09/15/2023	Surface (irrigation)	No precipitation	No precipitation	No precipitation

Source description	Material type	N (lbs/acre)	P (lbs/acre)	K (lbs/acre)	Salt (lbs/acre)	Amount
Irrigation Well	Ground water	1.56	0.00	0.00	98.57	7,007,000.00 *gal*
Application event totals		1.56	0.00	0.00	98.57	

Carter Field 20 - 10/20/2020: Pistacio

Field name: Carter Field 20

Crop: Pistacio

Plant date: 10/20/2020

Application date	Application method	Precipitation 24 hours prior	Precipitation during application	Precipitation 24 hours following
04/10/2023	Surface (irrigation)	No precipitation	No precipitation	No precipitation

Source description	Material type	N (lbs/acre)	P (lbs/acre)	K (lbs/acre)	Salt (lbs/acre)	Amount
Irrigation Well	Ground water	13.73	0.00	0.00	866.64	17,602,000.00 *gal*
Application event totals		13.73	0.00	0.00	866.64	

04/24/2023	Pipeline	No precipitation	No precipitation	No precipitation

Source description	Material type	N (lbs/acre)	P (lbs/acre)	K (lbs/acre)	Salt (lbs/acre)	Amount
CAN 17	Solid commercial fertilizer	15.30	0.00	0.00	0.00	
Application event totals		15.30	0.00	0.00	0.00	

06/25/2023	Surface (irrigation)	No precipitation	No precipitation	No precipitation

Source description	Material type	N (lbs/acre)	P (lbs/acre)	K (lbs/acre)	Salt (lbs/acre)	Amount
CAN 17	Solid commercial fertilizer	15.30	0.00	0.00	0.00	
Application event totals		15.30	0.00	0.00	0.00	

Carter Field 22 - 10/05/2015: Alfalfa, hay

Field name: Carter Field 22

Crop: Alfalfa, hay

Plant date: 10/05/2015

Carter Field 22 - 10/05/2015: Alfalfa, hay

Application date	Application method	Precipitation 24 hours prior	Precipitation during application	Precipitation 24 hours following
03/02/2023	Surface (irrigation)	No precipitation	No precipitation	No precipitation

Source description	Material type	N (lbs/acre)	P (lbs/acre)	K (lbs/acre)	Salt (lbs/acre)	Amount
WWS	Process wastewater	164.67	28.74	323.82	2,087.74	969,000.00 *gal*
Application event totals		164.67	28.74	323.82	2,087.74	

Application date	Application method	Precipitation 24 hours prior	Precipitation during application	Precipitation 24 hours following
04/17/2023	Surface (irrigation)	No precipitation	No precipitation	No precipitation

Source description	Material type	N (lbs/acre)	P (lbs/acre)	K (lbs/acre)	Salt (lbs/acre)	Amount
Irrigation Well	Ground water	1.75	0.00	0.00	123.47	2,625,000.00 *gal*
Application event totals		1.75	0.00	0.00	123.47	

Application date	Application method	Precipitation 24 hours prior	Precipitation during application	Precipitation 24 hours following
05/14/2023	Surface (irrigation)	No precipitation	No precipitation	No precipitation

Source description	Material type	N (lbs/acre)	P (lbs/acre)	K (lbs/acre)	Salt (lbs/acre)	Amount
Irrigation Well	Ground water	1.75	0.00	0.00	123.47	2,625,000.00 *gal*
Application event totals		1.75	0.00	0.00	123.47	

Application date	Application method	Precipitation 24 hours prior	Precipitation during application	Precipitation 24 hours following
06/10/2023	Surface (irrigation)	No precipitation	No precipitation	No precipitation

Source description	Material type	N (lbs/acre)	P (lbs/acre)	K (lbs/acre)	Salt (lbs/acre)	Amount
Irrigation Well	Ground water	1.80	0.00	0.00	127.00	2,700,000.00 *gal*
Application event totals		1.80	0.00	0.00	127.00	

Application date	Application method	Precipitation 24 hours prior	Precipitation during application	Precipitation 24 hours following
07/07/2023	Surface (irrigation)	No precipitation	No precipitation	No precipitation

Source description	Material type	N (lbs/acre)	P (lbs/acre)	K (lbs/acre)	Salt (lbs/acre)	Amount
Irrigation Well	Ground water	1.80	0.00	0.00	127.00	2,700,000.00 *gal*
Application event totals		1.80	0.00	0.00	127.00	

Application date	Application method	Precipitation 24 hours prior	Precipitation during application	Precipitation 24 hours following
07/21/2023	Surface (irrigation)	No precipitation	No precipitation	No precipitation

Source description	Material type	N (lbs/acre)	P (lbs/acre)	K (lbs/acre)	Salt (lbs/acre)	Amount
Irrigation Well	Ground water	1.80	0.00	0.00	127.00	2,700,000.00 *gal*
Application event totals		1.80	0.00	0.00	127.00	

Carter Field 22 - 10/05/2015: Alfalfa, hay

Application date	Application method	Precipitation 24 hours prior	Precipitation during application	Precipitation 24 hours following
08/04/2023	Surface (irrigation)	No precipitation	No precipitation	No precipitation

Source description	Material type	N (lbs/acre)	P (lbs/acre)	K (lbs/acre)	Salt (lbs/acre)	Amount
Irrigation Well	Ground water	1.80	0.00	0.00	127.00	2,700,000.00 *gal*
Application event totals		1.80	0.00	0.00	127.00	

Application date	Application method	Precipitation 24 hours prior	Precipitation during application	Precipitation 24 hours following
09/01/2023	Surface (irrigation)	No precipitation	No precipitation	No precipitation

Source description	Material type	N (lbs/acre)	P (lbs/acre)	K (lbs/acre)	Salt (lbs/acre)	Amount
Irrigation Well	Ground water	1.75	0.00	0.00	123.47	2,625,000.00 *gal*
Application event totals		1.75	0.00	0.00	123.47	

Application date	Application method	Precipitation 24 hours prior	Precipitation during application	Precipitation 24 hours following
09/27/2023	Surface (irrigation)	No precipitation	No precipitation	No precipitation

Source description	Material type	N (lbs/acre)	P (lbs/acre)	K (lbs/acre)	Salt (lbs/acre)	Amount
WWS	Process wastewater	221.60	25.08	377.99	2,783.94	1,054,500.00 *gal*
Irrigation Well	Ground water	0.93	0.00	0.00	65.26	1,387,500.00 *gal*
Application event totals		222.52	25.08	377.99	2,849.20	

Carter Field 3 - 10/08/2016: Almond, in shell

Field name: Carter Field 3

Crop: Almond, in shell

Plant date: 10/08/2016

Application date	Application method	Precipitation 24 hours prior	Precipitation during application	Precipitation 24 hours following
09/19/2022	Pipeline	No precipitation	No precipitation	No precipitation

Source description	Material type	N (lbs/acre)	P (lbs/acre)	K (lbs/acre)	Salt (lbs/acre)	Amount
Irrigation Well	Ground water	0.00	0.00	0.00	140.79	5,623,750.00 *gal*
Application event totals		0.00	0.00	0.00	140.79	

Application date	Application method	Precipitation 24 hours prior	Precipitation during application	Precipitation 24 hours following
10/03/2022	Surface (irrigation)	No precipitation	No precipitation	No precipitation

Source description	Material type	N (lbs/acre)	P (lbs/acre)	K (lbs/acre)	Salt (lbs/acre)	Amount
Irrigation Well	Ground water	0.00	0.00	0.00	140.79	5,623,750.00 *gal*
Application event totals		0.00	0.00	0.00	140.79	

Carter Field 3 - 10/08/2016: Almond, in shell

Application date	Application method	Precipitation 24 hours prior	Precipitation during application	Precipitation 24 hours following
11/01/2022	Broadcast/incorporate	No precipitation	No precipitation	No precipitation

Source description	Material type	N (lbs/acre)	P (lbs/acre)	K (lbs/acre)	Salt (lbs/acre)	Amount
Solid Manure	Corral solids	51.79	17.03	85.68	451.85	116.00 *ton*
Application event totals		51.79	17.03	85.68	451.85	

03/03/2023	Sidedress	No precipitation	No precipitation	No precipitation

Source description	Material type	N (lbs/acre)	P (lbs/acre)	K (lbs/acre)	Salt (lbs/acre)	Amount
CAN 17	Solid commercial fertilizer	37.40	0.00	0.00	0.00	
Application event totals		37.40	0.00	0.00	0.00	

04/17/2023	Surface (irrigation)	No precipitation	No precipitation	No precipitation

Source description	Material type	N (lbs/acre)	P (lbs/acre)	K (lbs/acre)	Salt (lbs/acre)	Amount
UN32	Solid commercial fertilizer	25.60	0.00	0.00	0.00	
Irrigation Well	Ground water	1.54	0.00	0.00	97.24	5,431,250.00 *gal*
Application event totals		27.14	0.00	0.00	97.24	

05/01/2023	Surface (irrigation)	No precipitation	No precipitation	No precipitation

Source description	Material type	N (lbs/acre)	P (lbs/acre)	K (lbs/acre)	Salt (lbs/acre)	Amount
Irrigation Well	Ground water	1.54	0.00	0.00	97.24	5,431,250.00 *gal*
Application event totals		1.54	0.00	0.00	97.24	

05/15/2023	Surface (irrigation)	No precipitation	No precipitation	No precipitation

Source description	Material type	N (lbs/acre)	P (lbs/acre)	K (lbs/acre)	Salt (lbs/acre)	Amount
Irrigation Well	Ground water	1.54	0.00	0.00	97.24	5,431,250.00 *gal*
Application event totals		1.54	0.00	0.00	97.24	

05/29/2023	Surface (irrigation)	No precipitation	No precipitation	No precipitation

Source description	Material type	N (lbs/acre)	P (lbs/acre)	K (lbs/acre)	Salt (lbs/acre)	Amount
UN32	Solid commercial fertilizer	25.60	0.00	0.00	0.00	
Irrigation Well	Ground water	1.54	0.00	0.00	97.24	5,431,250.00 *gal*
Application event totals		27.14	0.00	0.00	97.24	

Carter Field 3 - 10/08/2016: Almond, in shell

Application date	Application method	Precipitation 24 hours prior	Precipitation during application	Precipitation 24 hours following
06/12/2023	Surface (irrigation)	No precipitation	No precipitation	No precipitation

Source description	Material type	N (lbs/acre)	P (lbs/acre)	K (lbs/acre)	Salt (lbs/acre)	Amount
Irrigation Well	Ground water	1.56	0.00	0.00	98.57	5,505,500.00 *gal*
Application event totals		1.56	0.00	0.00	98.57	

Application date	Application method	Precipitation 24 hours prior	Precipitation during application	Precipitation 24 hours following
06/26/2023	Pipeline	No precipitation	No precipitation	No precipitation

Source description	Material type	N (lbs/acre)	P (lbs/acre)	K (lbs/acre)	Salt (lbs/acre)	Amount
Irrigation Well	Ground water	1.56	0.00	0.00	98.57	5,505,500.00 *gal*
Application event totals		1.56	0.00	0.00	98.57	

Application date	Application method	Precipitation 24 hours prior	Precipitation during application	Precipitation 24 hours following
07/10/2023	Surface (irrigation)	No precipitation	No precipitation	No precipitation

Source description	Material type	N (lbs/acre)	P (lbs/acre)	K (lbs/acre)	Salt (lbs/acre)	Amount
Irrigation Well	Ground water	1.56	0.00	0.00	98.57	5,505,500.00 *gal*
Application event totals		1.56	0.00	0.00	98.57	

Application date	Application method	Precipitation 24 hours prior	Precipitation during application	Precipitation 24 hours following
07/24/2023	Surface (irrigation)	No precipitation	No precipitation	No precipitation

Source description	Material type	N (lbs/acre)	P (lbs/acre)	K (lbs/acre)	Salt (lbs/acre)	Amount
Irrigation Well	Ground water	1.56	0.00	0.00	98.57	5,505,500.00 *gal*
Application event totals		1.56	0.00	0.00	98.57	

Application date	Application method	Precipitation 24 hours prior	Precipitation during application	Precipitation 24 hours following
08/07/2023	Surface (irrigation)	No precipitation	No precipitation	No precipitation

Source description	Material type	N (lbs/acre)	P (lbs/acre)	K (lbs/acre)	Salt (lbs/acre)	Amount
Irrigation Well	Ground water	1.56	0.00	0.00	98.57	5,505,500.00 *gal*
Application event totals		1.56	0.00	0.00	98.57	

Application date	Application method	Precipitation 24 hours prior	Precipitation during application	Precipitation 24 hours following
08/21/2023	Pipeline	No precipitation	No precipitation	No precipitation

Source description	Material type	N (lbs/acre)	P (lbs/acre)	K (lbs/acre)	Salt (lbs/acre)	Amount
Irrigation Well	Ground water	1.56	0.00	0.00	98.57	5,505,500.00 *gal*
Application event totals		1.56	0.00	0.00	98.57	

Carter Field 3 - 10/08/2016: Almond, in shell

Application date	Application method	Precipitation 24 hours prior	Precipitation during application	Precipitation 24 hours following
09/04/2023	Surface (irrigation)	No precipitation	No precipitation	No precipitation

Source description	Material type	N (lbs/acre)	P (lbs/acre)	K (lbs/acre)	Salt (lbs/acre)	Amount
Irrigation Well	Ground water	1.56	0.00	0.00	98.57	5,505,500.00 *gal*
Application event totals		1.56	0.00	0.00	98.57	

09/18/2023	Surface (irrigation)	No precipitation	No precipitation	No precipitation

Source description	Material type	N (lbs/acre)	P (lbs/acre)	K (lbs/acre)	Salt (lbs/acre)	Amount
Irrigation Well	Ground water	1.56	0.00	0.00	98.57	5,505,500.00 *gal*
Application event totals		1.56	0.00	0.00	98.57	

Carter Field 4 - 10/10/2016: Almond, in shell

Field name: Carter Field 4

Crop: Almond, in shell

Plant date: 10/10/2016

Application date	Application method	Precipitation 24 hours prior	Precipitation during application	Precipitation 24 hours following
09/17/2022	Surface (irrigation)	No precipitation	No precipitation	No precipitation

Source description	Material type	N (lbs/acre)	P (lbs/acre)	K (lbs/acre)	Salt (lbs/acre)	Amount
Irrigation Well	Ground water	0.00	0.00	0.00	174.67	2,042,000.00 *gal*
Application event totals		0.00	0.00	0.00	174.67	

10/01/2022	Surface (irrigation)	No precipitation	No precipitation	No precipitation

Source description	Material type	N (lbs/acre)	P (lbs/acre)	K (lbs/acre)	Salt (lbs/acre)	Amount
Irrigation Well	Ground water	0.00	0.00	0.00	174.67	2,042,000.00 *gal*
Application event totals		0.00	0.00	0.00	174.67	

11/01/2022	Broadcast/incorporate	No precipitation	No precipitation	No precipitation

Source description	Material type	N (lbs/acre)	P (lbs/acre)	K (lbs/acre)	Salt (lbs/acre)	Amount
Solid Manure	Corral solids	54.02	17.77	89.37	471.33	44.00 *ton*
Application event totals		54.02	17.77	89.37	471.33	

Carter Field 4 - 10/10/2016: Almond, in shell

Application date	Application method	Precipitation 24 hours prior	Precipitation during application	Precipitation 24 hours following
03/03/2023	Banding	No precipitation	No precipitation	No precipitation

Source description	Material type	N (lbs/acre)	P (lbs/acre)	K (lbs/acre)	Salt (lbs/acre)	Amount
CAN 17	Solid commercial fertilizer	37.40	0.00	0.00	0.00	
Application event totals		37.40	0.00	0.00	0.00	

04/16/2023	Surface (irrigation)	No precipitation	No precipitation	No precipitation

Source description	Material type	N (lbs/acre)	P (lbs/acre)	K (lbs/acre)	Salt (lbs/acre)	Amount
UN32	Solid commercial fertilizer	25.60	0.00	0.00	0.00	
Irrigation Well	Ground water	1.48	0.00	0.00	98.89	1,975,000.00 *gal*
Application event totals		27.08	0.00	0.00	98.89	

04/30/2023	Pipeline	No precipitation	No precipitation	No precipitation

Source description	Material type	N (lbs/acre)	P (lbs/acre)	K (lbs/acre)	Salt (lbs/acre)	Amount
Irrigation Well	Ground water	1.48	0.00	0.00	98.89	1,975,000.00 *gal*
Application event totals		1.48	0.00	0.00	98.89	

05/14/2023	Surface (irrigation)	No precipitation	No precipitation	No precipitation

Source description	Material type	N (lbs/acre)	P (lbs/acre)	K (lbs/acre)	Salt (lbs/acre)	Amount
Irrigation Well	Ground water	1.48	0.00	0.00	98.89	1,975,000.00 *gal*
Application event totals		1.48	0.00	0.00	98.89	

05/28/2023	Surface (irrigation)	No precipitation	No precipitation	No precipitation

Source description	Material type	N (lbs/acre)	P (lbs/acre)	K (lbs/acre)	Salt (lbs/acre)	Amount
UN32	Solid commercial fertilizer	25.60	0.00	0.00	0.00	
Irrigation Well	Ground water	1.48	0.00	0.00	98.89	1,975,000.00 *gal*
Application event totals		27.08	0.00	0.00	98.89	

06/11/2023	Surface (irrigation)	No precipitation	No precipitation	No precipitation

Source description	Material type	N (lbs/acre)	P (lbs/acre)	K (lbs/acre)	Salt (lbs/acre)	Amount
Irrigation Well	Ground water	1.50	0.00	0.00	100.24	2,002,000.00 *gal*
Application event totals		1.50	0.00	0.00	100.24	

Carter Field 4 - 10/10/2016: Almond, in shell

Application date	Application method	Precipitation 24 hours prior	Precipitation during application	Precipitation 24 hours following
06/25/2023	Surface (irrigation)	No precipitation	No precipitation	No precipitation

Source description	Material type	N (lbs/acre)	P (lbs/acre)	K (lbs/acre)	Salt (lbs/acre)	Amount
Irrigation Well	Ground water	1.50	0.00	0.00	100.24	2,002,000.00 *gal*
Application event totals		1.50	0.00	0.00	100.24	

Application date	Application method	Precipitation 24 hours prior	Precipitation during application	Precipitation 24 hours following
07/09/2023	Surface (irrigation)	No precipitation	No precipitation	No precipitation

Source description	Material type	N (lbs/acre)	P (lbs/acre)	K (lbs/acre)	Salt (lbs/acre)	Amount
Irrigation Well	Ground water	1.50	0.00	0.00	100.24	2,002,000.00 *gal*
Application event totals		1.50	0.00	0.00	100.24	

Application date	Application method	Precipitation 24 hours prior	Precipitation during application	Precipitation 24 hours following
07/23/2023	Surface (irrigation)	No precipitation	No precipitation	No precipitation

Source description	Material type	N (lbs/acre)	P (lbs/acre)	K (lbs/acre)	Salt (lbs/acre)	Amount
Irrigation Well	Ground water	1.50	0.00	0.00	100.24	2,002,000.00 *gal*
Application event totals		1.50	0.00	0.00	100.24	

Application date	Application method	Precipitation 24 hours prior	Precipitation during application	Precipitation 24 hours following
08/06/2023	Surface (irrigation)	No precipitation	No precipitation	No precipitation

Source description	Material type	N (lbs/acre)	P (lbs/acre)	K (lbs/acre)	Salt (lbs/acre)	Amount
Irrigation Well	Ground water	1.50	0.00	0.00	100.24	2,002,000.00 *gal*
Application event totals		1.50	0.00	0.00	100.24	

Application date	Application method	Precipitation 24 hours prior	Precipitation during application	Precipitation 24 hours following
08/20/2023	Surface (irrigation)	No precipitation	No precipitation	No precipitation

Source description	Material type	N (lbs/acre)	P (lbs/acre)	K (lbs/acre)	Salt (lbs/acre)	Amount
Irrigation Well	Ground water	1.50	0.00	0.00	100.24	2,002,000.00 *gal*
Application event totals		1.50	0.00	0.00	100.24	

Application date	Application method	Precipitation 24 hours prior	Precipitation during application	Precipitation 24 hours following
09/03/2023	Surface (irrigation)	No precipitation	No precipitation	No precipitation

Source description	Material type	N (lbs/acre)	P (lbs/acre)	K (lbs/acre)	Salt (lbs/acre)	Amount
Irrigation Well	Ground water	1.50	0.00	0.00	100.24	2,002,000.00 *gal*
Application event totals		1.50	0.00	0.00	100.24	

Carter Field 4 - 10/10/2016: Almond, in shell

Application date	Application method	Precipitation 24 hours prior	Precipitation during application	Precipitation 24 hours following
09/17/2023	Surface (irrigation)	No precipitation	No precipitation	No precipitation

Source description	Material type	N (lbs/acre)	P (lbs/acre)	K (lbs/acre)	Salt (lbs/acre)	Amount
Irrigation Well	Ground water	1.50	0.00	0.00	100.24	2,002,000.00 *gal*
Application event totals		1.50	0.00	0.00	100.24	

Carter Field 50 - 10/20/2020: Pistacio

Field name: Carter Field 50

Crop: Pistacio

Plant date: 10/20/2020

Application date	Application method	Precipitation 24 hours prior	Precipitation during application	Precipitation 24 hours following
04/10/2023	Surface (irrigation)	No precipitation	No precipitation	No precipitation

Source description	Material type	N (lbs/acre)	P (lbs/acre)	K (lbs/acre)	Salt (lbs/acre)	Amount
Irrigation Well	Ground water	13.38	0.00	0.00	896.65	42,979,200.00 *gal*
Application event totals		13.38	0.00	0.00	896.65	

Application date	Application method	Precipitation 24 hours prior	Precipitation during application	Precipitation 24 hours following
04/25/2023	Surface (irrigation)	No precipitation	No precipitation	No precipitation

Source description	Material type	N (lbs/acre)	P (lbs/acre)	K (lbs/acre)	Salt (lbs/acre)	Amount
CAN 17	Solid commercial fertilizer	15.30	0.00	0.00	0.00	
Application event totals		15.30	0.00	0.00	0.00	

Application date	Application method	Precipitation 24 hours prior	Precipitation during application	Precipitation 24 hours following
06/26/2023	Surface (irrigation)	No precipitation	No precipitation	No precipitation

Source description	Material type	N (lbs/acre)	P (lbs/acre)	K (lbs/acre)	Salt (lbs/acre)	Amount
CAN 17	Solid commercial fertilizer	15.30	0.00	0.00	0.00	
Application event totals		15.30	0.00	0.00	0.00	

Carter Field 6.a - 02/05/2017: Almond, in shell

Field name: Carter Field 6.a

Crop: Almond, in shell

Plant date: 02/05/2017

Carter Field 6.a - 02/05/2017: Almond, in shell

Application date	Application method	Precipitation 24 hours prior	Precipitation during application	Precipitation 24 hours following
11/02/2022	Sidedress	No precipitation	No precipitation	No precipitation

Source description	Material type	N (lbs/acre)	P (lbs/acre)	K (lbs/acre)	Salt (lbs/acre)	Amount
CAN 17	Solid commercial fertilizer	40.80	0.00	0.00	0.00	
Application event totals		40.80	0.00	0.00	0.00	

Application date	Application method	Precipitation 24 hours prior	Precipitation during application	Precipitation 24 hours following
03/02/2023	Sidedress	No precipitation	No precipitation	No precipitation

Source description	Material type	N (lbs/acre)	P (lbs/acre)	K (lbs/acre)	Salt (lbs/acre)	Amount
CAN 17	Solid commercial fertilizer	40.80	0.00	0.00	0.00	
Application event totals		40.80	0.00	0.00	0.00	

Application date	Application method	Precipitation 24 hours prior	Precipitation during application	Precipitation 24 hours following
04/10/2023	Surface (irrigation)	No precipitation	No precipitation	No precipitation

Source description	Material type	N (lbs/acre)	P (lbs/acre)	K (lbs/acre)	Salt (lbs/acre)	Amount
Irrigation Well	Ground water	16.45	0.00	0.00	1,159.21	34,727,750.00 *gal*
Application event totals		16.45	0.00	0.00	1,159.21	

Application date	Application method	Precipitation 24 hours prior	Precipitation during application	Precipitation 24 hours following
04/12/2023	Pipeline	No precipitation	No precipitation	No precipitation

Source description	Material type	N (lbs/acre)	P (lbs/acre)	K (lbs/acre)	Salt (lbs/acre)	Amount
UN32	Solid commercial fertilizer	22.40	0.00	0.00	0.00	
Application event totals		22.40	0.00	0.00	0.00	

Application date	Application method	Precipitation 24 hours prior	Precipitation during application	Precipitation 24 hours following
05/16/2023	Pipeline	No precipitation	No precipitation	No precipitation

Source description	Material type	N (lbs/acre)	P (lbs/acre)	K (lbs/acre)	Salt (lbs/acre)	Amount
UN32	Solid commercial fertilizer	22.40	0.00	0.00	0.00	
Application event totals		22.40	0.00	0.00	0.00	

Carter Field 6.b - 02/05/2017: Almond, in shell

Field name: Carter Field 6.b

Crop: Almond, in shell

Plant date: 02/05/2017

Application date	Application method	Precipitation 24 hours prior	Precipitation during application	Precipitation 24 hours following

Carter Field 6.b - 02/05/2017: Almond, in shell

Application date	Application method	Precipitation 24 hours prior	Precipitation during application	Precipitation 24 hours following
11/02/2022	Sidedress	No precipitation	No precipitation	No precipitation

Source description	Material type	N (lbs/acre)	P (lbs/acre)	K (lbs/acre)	Salt (lbs/acre)	Amount
CAN 17	Solid commercial fertilizer	40.80	0.00	0.00	0.00	
Application event totals		40.80	0.00	0.00	0.00	

Application date	Application method	Precipitation 24 hours prior	Precipitation during application	Precipitation 24 hours following
03/02/2023	Sidedress	No precipitation	No precipitation	No precipitation

Source description	Material type	N (lbs/acre)	P (lbs/acre)	K (lbs/acre)	Salt (lbs/acre)	Amount
CAN 17	Solid commercial fertilizer	40.80	0.00	0.00	0.00	
Application event totals		40.80	0.00	0.00	0.00	

Application date	Application method	Precipitation 24 hours prior	Precipitation during application	Precipitation 24 hours following
04/10/2023	Surface (irrigation)	No precipitation	No precipitation	No precipitation

Source description	Material type	N (lbs/acre)	P (lbs/acre)	K (lbs/acre)	Salt (lbs/acre)	Amount
Irrigation Well	Ground water	16.97	0.00	0.00	1,195.58	28,885,000.00 *gal*
Application event totals		16.97	0.00	0.00	1,195.58	

Application date	Application method	Precipitation 24 hours prior	Precipitation during application	Precipitation 24 hours following
04/11/2023	Pipeline	No precipitation	No precipitation	No precipitation

Source description	Material type	N (lbs/acre)	P (lbs/acre)	K (lbs/acre)	Salt (lbs/acre)	Amount
UN32	Solid commercial fertilizer	22.40	0.00	0.00	0.00	
Application event totals		22.40	0.00	0.00	0.00	

Application date	Application method	Precipitation 24 hours prior	Precipitation during application	Precipitation 24 hours following
05/15/2023	Pipeline	No precipitation	No precipitation	No precipitation

Source description	Material type	N (lbs/acre)	P (lbs/acre)	K (lbs/acre)	Salt (lbs/acre)	Amount
UN32	Solid commercial fertilizer	22.40	0.00	0.00	0.00	
Application event totals		22.40	0.00	0.00	0.00	

Carter Field 6.c - 02/05/2017: Almond, in shell

Field name: Carter Field 6.c

Crop: Almond, in shell

Plant date: 02/05/2017

Application date	Application method	Precipitation 24 hours prior	Precipitation during application	Precipitation 24 hours following

Carter Field 6.c - 02/05/2017: Almond, in shell

Application date	Application method	Precipitation 24 hours prior	Precipitation during application	Precipitation 24 hours following
11/02/2022	Sidedress	No precipitation	No precipitation	No precipitation

Source description	Material type	N (lbs/acre)	P (lbs/acre)	K (lbs/acre)	Salt (lbs/acre)	Amount
CAN 17	Solid commercial fertilizer	40.80	0.00	0.00	0.00	
Application event totals		40.80	0.00	0.00	0.00	

Application date	Application method	Precipitation 24 hours prior	Precipitation during application	Precipitation 24 hours following
03/02/2023	Sidedress	No precipitation	No precipitation	No precipitation

Source description	Material type	N (lbs/acre)	P (lbs/acre)	K (lbs/acre)	Salt (lbs/acre)	Amount
CAN 17	Solid commercial fertilizer	40.80	0.00	0.00	0.00	
Application event totals		40.80	0.00	0.00	0.00	

Application date	Application method	Precipitation 24 hours prior	Precipitation during application	Precipitation 24 hours following
04/10/2023	Surface (irrigation)	No precipitation	No precipitation	No precipitation

Source description	Material type	N (lbs/acre)	P (lbs/acre)	K (lbs/acre)	Salt (lbs/acre)	Amount
Irrigation Well	Ground water	16.97	0.00	0.00	1,195.58	12,709,400.00 *gal*
Application event totals		16.97	0.00	0.00	1,195.58	

Application date	Application method	Precipitation 24 hours prior	Precipitation during application	Precipitation 24 hours following
04/13/2023	Surface (irrigation)	No precipitation	No precipitation	No precipitation

Source description	Material type	N (lbs/acre)	P (lbs/acre)	K (lbs/acre)	Salt (lbs/acre)	Amount
UN32	Solid commercial fertilizer	22.40	0.00	0.00	0.00	
Application event totals		22.40	0.00	0.00	0.00	

Application date	Application method	Precipitation 24 hours prior	Precipitation during application	Precipitation 24 hours following
05/17/2023	Surface (irrigation)	No precipitation	No precipitation	No precipitation

Source description	Material type	N (lbs/acre)	P (lbs/acre)	K (lbs/acre)	Salt (lbs/acre)	Amount
UN32	Solid commercial fertilizer	22.40	0.00	0.00	0.00	
Application event totals		22.40	0.00	0.00	0.00	

Carter Field 7.a - 02/10/2018: Almond, in shell

Field name: Carter Field 7.a

Crop: Almond, in shell

Plant date: 02/10/2018

Application date	Application method	Precipitation 24 hours prior	Precipitation during application	Precipitation 24 hours following

Carter Field 7.a - 02/10/2018: Almond, in shell

Application date	Application method	Precipitation 24 hours prior	Precipitation during application	Precipitation 24 hours following
11/02/2022	Banding	No precipitation	No precipitation	No precipitation

Source description	Material type	N (lbs/acre)	P (lbs/acre)	K (lbs/acre)	Salt (lbs/acre)	Amount
CAN 17	Solid commercial fertilizer	34.00	0.00	0.00	0.00	
Application event totals		34.00	0.00	0.00	0.00	

03/02/2023	Sidedress	No precipitation	No precipitation	No precipitation

Source description	Material type	N (lbs/acre)	P (lbs/acre)	K (lbs/acre)	Salt (lbs/acre)	Amount
CAN 17	Solid commercial fertilizer	34.00	0.00	0.00	0.00	
Application event totals		34.00	0.00	0.00	0.00	

04/10/2023	Surface (irrigation)	No precipitation	No precipitation	No precipitation

Source description	Material type	N (lbs/acre)	P (lbs/acre)	K (lbs/acre)	Salt (lbs/acre)	Amount
Irrigation Well	Ground water	17.56	0.00	0.00	1,108.19	41,639,800.00 *gal*
Application event totals		17.56	0.00	0.00	1,108.19	

04/12/2023	Surface (irrigation)	No precipitation	No precipitation	No precipitation

Source description	Material type	N (lbs/acre)	P (lbs/acre)	K (lbs/acre)	Salt (lbs/acre)	Amount
UN32	Solid commercial fertilizer	16.00	0.00	0.00	0.00	
Application event totals		16.00	0.00	0.00	0.00	

05/14/2023	Surface (irrigation)	No precipitation	No precipitation	No precipitation

Source description	Material type	N (lbs/acre)	P (lbs/acre)	K (lbs/acre)	Salt (lbs/acre)	Amount
UN32	Solid commercial fertilizer	16.00	0.00	0.00	0.00	
Application event totals		16.00	0.00	0.00	0.00	

Carter Field 7.b - 02/10/2018: Almond, in shell

Field name: Carter Field 7.b

Crop: Almond, in shell

Plant date: 02/10/2018

Application date	Application method	Precipitation 24 hours prior	Precipitation during application	Precipitation 24 hours following

Carter Field 7.b - 02/10/2018: Almond, in shell

Application date	Application method	Precipitation 24 hours prior	Precipitation during application	Precipitation 24 hours following
11/02/2022	Sidedress	No precipitation	No precipitation	No precipitation

Source description	Material type	N (lbs/acre)	P (lbs/acre)	K (lbs/acre)	Salt (lbs/acre)	Amount
CAN 17	Solid commercial fertilizer	34.00	0.00	0.00	0.00	
Application event totals		34.00	0.00	0.00	0.00	

Application date	Application method	Precipitation 24 hours prior	Precipitation during application	Precipitation 24 hours following
03/02/2023	Sidedress	No precipitation	No precipitation	No precipitation

Source description	Material type	N (lbs/acre)	P (lbs/acre)	K (lbs/acre)	Salt (lbs/acre)	Amount
CAN 17	Solid commercial fertilizer	34.00	0.00	0.00	0.00	
Application event totals		34.00	0.00	0.00	0.00	

Application date	Application method	Precipitation 24 hours prior	Precipitation during application	Precipitation 24 hours following
04/10/2023	Surface (irrigation)	No precipitation	No precipitation	No precipitation

Source description	Material type	N (lbs/acre)	P (lbs/acre)	K (lbs/acre)	Salt (lbs/acre)	Amount
Irrigation Well	Ground water	16.53	0.00	0.00	1,164.75	25,888,800.00 *gal*
Application event totals		16.53	0.00	0.00	1,164.75	

Application date	Application method	Precipitation 24 hours prior	Precipitation during application	Precipitation 24 hours following
04/14/2023	Pipeline	No precipitation	No precipitation	No precipitation

Source description	Material type	N (lbs/acre)	P (lbs/acre)	K (lbs/acre)	Salt (lbs/acre)	Amount
UN32	Solid commercial fertilizer	16.00	0.00	0.00	0.00	
Application event totals		16.00	0.00	0.00	0.00	

Application date	Application method	Precipitation 24 hours prior	Precipitation during application	Precipitation 24 hours following
05/18/2023	Surface (irrigation)	No precipitation	No precipitation	No precipitation

Source description	Material type	N (lbs/acre)	P (lbs/acre)	K (lbs/acre)	Salt (lbs/acre)	Amount
UN32	Solid commercial fertilizer	16.00	0.00	0.00	0.00	
Application event totals		16.00	0.00	0.00	0.00	

Carter Field 7.c - 02/10/2018: Almond, in shell

Field name: Carter Field 7.c

Crop: Almond, in shell

Plant date: 02/10/2018

Application date	Application method	Precipitation 24 hours prior	Precipitation during application	Precipitation 24 hours following

Carter Field 7.c - 02/10/2018: Almond, in shell

Application date	Application method	Precipitation 24 hours prior	Precipitation during application	Precipitation 24 hours following
11/02/2022	Sidedress	No precipitation	No precipitation	No precipitation

Source description	Material type	N (lbs/acre)	P (lbs/acre)	K (lbs/acre)	Salt (lbs/acre)	Amount
CAN 17	Solid commercial fertilizer	34.00	0.00	0.00	0.00	
Application event totals		34.00	0.00	0.00	0.00	

Application date	Application method	Precipitation 24 hours prior	Precipitation during application	Precipitation 24 hours following
03/02/2023	Sidedress	No precipitation	No precipitation	No precipitation

Source description	Material type	N (lbs/acre)	P (lbs/acre)	K (lbs/acre)	Salt (lbs/acre)	Amount
CAN 17	Solid commercial fertilizer	34.00	0.00	0.00	0.00	
Application event totals		34.00	0.00	0.00	0.00	

Application date	Application method	Precipitation 24 hours prior	Precipitation during application	Precipitation 24 hours following
04/10/2023	Surface (irrigation)	No precipitation	No precipitation	No precipitation

Source description	Material type	N (lbs/acre)	P (lbs/acre)	K (lbs/acre)	Salt (lbs/acre)	Amount
Irrigation Well	Ground water	16.53	0.00	0.00	1,164.75	42,772,800.00 *gal*
Application event totals		16.53	0.00	0.00	1,164.75	

Application date	Application method	Precipitation 24 hours prior	Precipitation during application	Precipitation 24 hours following
04/15/2023	Surface (irrigation)	No precipitation	No precipitation	No precipitation

Source description	Material type	N (lbs/acre)	P (lbs/acre)	K (lbs/acre)	Salt (lbs/acre)	Amount
UN32	Solid commercial fertilizer	16.00	0.00	0.00	0.00	
Application event totals		16.00	0.00	0.00	0.00	

Application date	Application method	Precipitation 24 hours prior	Precipitation during application	Precipitation 24 hours following
05/19/2023	Surface (irrigation)	No precipitation	No precipitation	No precipitation

Source description	Material type	N (lbs/acre)	P (lbs/acre)	K (lbs/acre)	Salt (lbs/acre)	Amount
UN32	Solid commercial fertilizer	16.00	0.00	0.00	0.00	
Application event totals		16.00	0.00	0.00	0.00	

Carter Pasture North - 01/01/2023: Pasture

Field name: Carter Pasture North

Crop: Pasture

Plant date: 01/01/2023

Application date	Application method	Precipitation 24 hours prior	Precipitation during application	Precipitation 24 hours following

Carter Pasture North - 01/01/2023: Pasture

Application date	Application method	Precipitation 24 hours prior	Precipitation during application	Precipitation 24 hours following
02/05/2023	Surface (irrigation)	No precipitation	No precipitation	No precipitation

Source description	Material type	N (lbs/acre)	P (lbs/acre)	K (lbs/acre)	Salt (lbs/acre)	Amount
WWS	Process wastewater	106.55	18.60	209.53	1,350.89	570,000.00 *gal*
Application event totals		106.55	18.60	209.53	1,350.89	

Application date	Application method	Precipitation 24 hours prior	Precipitation during application	Precipitation 24 hours following
04/15/2023	Surface (irrigation)	No precipitation	No precipitation	No precipitation

Source description	Material type	N (lbs/acre)	P (lbs/acre)	K (lbs/acre)	Salt (lbs/acre)	Amount
Irrigation Well	Ground water	1.32	0.00	0.00	93.13	1,800,000.00 *gal*
Application event totals		1.32	0.00	0.00	93.13	

Application date	Application method	Precipitation 24 hours prior	Precipitation during application	Precipitation 24 hours following
04/30/2023	Surface (irrigation)	No precipitation	No precipitation	No precipitation

Source description	Material type	N (lbs/acre)	P (lbs/acre)	K (lbs/acre)	Salt (lbs/acre)	Amount
WWS	Process wastewater	107.74	10.56	195.50	2,839.72	855,000.00 *gal*
Irrigation Well	Ground water	0.83	0.00	0.00	58.21	1,125,000.00 *gal*
Application event totals		108.56	10.56	195.50	2,897.93	

Application date	Application method	Precipitation 24 hours prior	Precipitation during application	Precipitation 24 hours following
05/15/2023	Surface (irrigation)	No precipitation	No precipitation	No precipitation

Source description	Material type	N (lbs/acre)	P (lbs/acre)	K (lbs/acre)	Salt (lbs/acre)	Amount
Irrigation Well	Ground water	1.38	0.00	0.00	97.01	1,875,000.00 *gal*
Application event totals		1.38	0.00	0.00	97.01	

Application date	Application method	Precipitation 24 hours prior	Precipitation during application	Precipitation 24 hours following
05/29/2023	Surface (irrigation)	No precipitation	No precipitation	No precipitation

Source description	Material type	N (lbs/acre)	P (lbs/acre)	K (lbs/acre)	Salt (lbs/acre)	Amount
Irrigation Well	Ground water	1.38	0.00	0.00	97.01	1,875,000.00 *gal*
Application event totals		1.38	0.00	0.00	97.01	

Application date	Application method	Precipitation 24 hours prior	Precipitation during application	Precipitation 24 hours following
06/13/2023	Surface (irrigation)	No precipitation	No precipitation	No precipitation

Source description	Material type	N (lbs/acre)	P (lbs/acre)	K (lbs/acre)	Salt (lbs/acre)	Amount
Irrigation Well	Ground water	1.43	0.00	0.00	100.89	1,950,000.00 *gal*
Application event totals		1.43	0.00	0.00	100.89	

Carter Pasture North - 01/01/2023: Pasture

Application date	Application method	Precipitation 24 hours prior	Precipitation during application	Precipitation 24 hours following
06/27/2023	Surface (irrigation)	No precipitation	No precipitation	No precipitation

Source description	Material type	N (lbs/acre)	P (lbs/acre)	K (lbs/acre)	Salt (lbs/acre)	Amount
Irrigation Well	Ground water	1.43	0.00	0.00	100.89	1,950,000.00 *gal*
Application event totals		1.43	0.00	0.00	100.89	

Application date	Application method	Precipitation 24 hours prior	Precipitation during application	Precipitation 24 hours following
07/11/2023	Surface (irrigation)	No precipitation	No precipitation	No precipitation

Source description	Material type	N (lbs/acre)	P (lbs/acre)	K (lbs/acre)	Salt (lbs/acre)	Amount
WWS	Process wastewater	210.81	23.86	359.60	2,648.50	912,000.00 *gal*
Irrigation Well	Ground water	0.88	0.00	0.00	62.09	1,200,000.00 *gal*
Application event totals		211.70	23.86	359.60	2,710.59	

Application date	Application method	Precipitation 24 hours prior	Precipitation during application	Precipitation 24 hours following
07/25/2023	Surface (irrigation)	No precipitation	No precipitation	No precipitation

Source description	Material type	N (lbs/acre)	P (lbs/acre)	K (lbs/acre)	Salt (lbs/acre)	Amount
Irrigation Well	Ground water	1.38	0.00	0.00	97.01	1,875,000.00 *gal*
Application event totals		1.38	0.00	0.00	97.01	

Application date	Application method	Precipitation 24 hours prior	Precipitation during application	Precipitation 24 hours following
08/08/2023	Surface (irrigation)	No precipitation	No precipitation	No precipitation

Source description	Material type	N (lbs/acre)	P (lbs/acre)	K (lbs/acre)	Salt (lbs/acre)	Amount
Irrigation Well	Ground water	1.38	0.00	0.00	97.01	1,875,000.00 *gal*
Application event totals		1.38	0.00	0.00	97.01	

Application date	Application method	Precipitation 24 hours prior	Precipitation during application	Precipitation 24 hours following
08/23/2023	Surface (irrigation)	No precipitation	No precipitation	No precipitation

Source description	Material type	N (lbs/acre)	P (lbs/acre)	K (lbs/acre)	Salt (lbs/acre)	Amount
Irrigation Well	Ground water	1.32	0.00	0.00	93.13	1,800,000.00 *gal*
Application event totals		1.32	0.00	0.00	93.13	

Application date	Application method	Precipitation 24 hours prior	Precipitation during application	Precipitation 24 hours following
09/07/2023	Surface (irrigation)	No precipitation	No precipitation	No precipitation

Source description	Material type	N (lbs/acre)	P (lbs/acre)	K (lbs/acre)	Salt (lbs/acre)	Amount
Irrigation Well	Ground water	1.32	0.00	0.00	93.13	1,800,000.00 *gal*
Application event totals		1.32	0.00	0.00	93.13	

Carter Pasture North - 01/01/2023: Pasture

Application date	Application method	Precipitation 24 hours prior	Precipitation during application	Precipitation 24 hours following
09/22/2023	Surface (irrigation)	No precipitation	No precipitation	No precipitation

Source description	Material type	N (lbs/acre)	P (lbs/acre)	K (lbs/acre)	Salt (lbs/acre)	Amount
Irrigation Well	Ground water	1.32	0.00	0.00	93.13	1,800,000.00 *gal*
Application event totals		1.32	0.00	0.00	93.13	

Application date	Application method	Precipitation 24 hours prior	Precipitation during application	Precipitation 24 hours following
10/07/2023	Surface (irrigation)	No precipitation	No precipitation	No precipitation

Source description	Material type	N (lbs/acre)	P (lbs/acre)	K (lbs/acre)	Salt (lbs/acre)	Amount
Irrigation Well	Ground water	1.27	0.00	0.00	89.25	1,725,000.00 *gal*
Application event totals		1.27	0.00	0.00	89.25	

Carter Pasture South - 01/01/2023: Pasture

Field name: Carter Pasture South

Crop: Pasture

Plant date: 01/01/2023

Application date	Application method	Precipitation 24 hours prior	Precipitation during application	Precipitation 24 hours following
02/06/2023	Surface (irrigation)	No precipitation	No precipitation	No precipitation

Source description	Material type	N (lbs/acre)	P (lbs/acre)	K (lbs/acre)	Salt (lbs/acre)	Amount
WWS	Process wastewater	114.75	20.03	225.65	1,454.80	399,000.00 *gal*
Application event totals		114.75	20.03	225.65	1,454.80	

Application date	Application method	Precipitation 24 hours prior	Precipitation during application	Precipitation 24 hours following
04/16/2023	Surface (irrigation)	No precipitation	No precipitation	No precipitation

Source description	Material type	N (lbs/acre)	P (lbs/acre)	K (lbs/acre)	Salt (lbs/acre)	Amount
WWS	Process wastewater	99.45	9.75	180.46	2,621.28	513,000.00 *gal*
Irrigation Well	Ground water	0.76	0.00	0.00	53.73	675,000.00 *gal*
Application event totals		100.21	9.75	180.46	2,675.01	

Application date	Application method	Precipitation 24 hours prior	Precipitation during application	Precipitation 24 hours following
05/01/2023	Surface (irrigation)	No precipitation	No precipitation	No precipitation

Source description	Material type	N (lbs/acre)	P (lbs/acre)	K (lbs/acre)	Salt (lbs/acre)	Amount
Irrigation Well	Ground water	1.44	0.00	0.00	101.49	1,275,000.00 *gal*
Application event totals		1.44	0.00	0.00	101.49	

Carter Pasture South - 01/01/2023: Pasture

Application date	Application method	Precipitation 24 hours prior	Precipitation during application	Precipitation 24 hours following
05/16/2023	Surface (irrigation)	No precipitation	No precipitation	No precipitation

Source description	Material type	N (lbs/acre)	P (lbs/acre)	K (lbs/acre)	Salt (lbs/acre)	Amount
Irrigation Well	Ground water	1.44	0.00	0.00	101.49	1,275,000.00 *gal*
Application event totals		1.44	0.00	0.00	101.49	

Application date	Application method	Precipitation 24 hours prior	Precipitation during application	Precipitation 24 hours following
05/30/2023	Surface (irrigation)	No precipitation	No precipitation	No precipitation

Source description	Material type	N (lbs/acre)	P (lbs/acre)	K (lbs/acre)	Salt (lbs/acre)	Amount
Irrigation Well	Ground water	1.44	0.00	0.00	101.49	1,275,000.00 *gal*
Application event totals		1.44	0.00	0.00	101.49	

Application date	Application method	Precipitation 24 hours prior	Precipitation during application	Precipitation 24 hours following
06/14/2023	Surface (irrigation)	No precipitation	No precipitation	No precipitation

Source description	Material type	N (lbs/acre)	P (lbs/acre)	K (lbs/acre)	Salt (lbs/acre)	Amount
Irrigation Well	Ground water	1.44	0.00	0.00	101.49	1,275,000.00 *gal*
Application event totals		1.44	0.00	0.00	101.49	

Application date	Application method	Precipitation 24 hours prior	Precipitation during application	Precipitation 24 hours following
06/28/2023	Surface (irrigation)	No precipitation	No precipitation	No precipitation

Source description	Material type	N (lbs/acre)	P (lbs/acre)	K (lbs/acre)	Salt (lbs/acre)	Amount
Irrigation Well	Ground water	1.48	0.00	0.00	104.47	1,312,500.00 *gal*
Application event totals		1.48	0.00	0.00	104.47	

Application date	Application method	Precipitation 24 hours prior	Precipitation during application	Precipitation 24 hours following
07/12/2023	Surface (irrigation)	No precipitation	No precipitation	No precipitation

Source description	Material type	N (lbs/acre)	P (lbs/acre)	K (lbs/acre)	Salt (lbs/acre)	Amount
Irrigation Well	Ground water	1.48	0.00	0.00	104.47	1,312,500.00 *gal*
Application event totals		1.48	0.00	0.00	104.47	

Application date	Application method	Precipitation 24 hours prior	Precipitation during application	Precipitation 24 hours following
07/26/2023	Pipeline	No precipitation	No precipitation	No precipitation

Source description	Material type	N (lbs/acre)	P (lbs/acre)	K (lbs/acre)	Salt (lbs/acre)	Amount
Irrigation Well	Ground water	1.48	0.00	0.00	104.47	1,312,500.00 *gal*
Application event totals		1.48	0.00	0.00	104.47	

Carter Pasture South - 01/01/2023: Pasture

Application date	Application method	Precipitation 24 hours prior	Precipitation during application	Precipitation 24 hours following
08/09/2023	Surface (irrigation)	No precipitation	No precipitation	No precipitation

Source description	Material type	N (lbs/acre)	P (lbs/acre)	K (lbs/acre)	Salt (lbs/acre)	Amount
Irrigation Well	Ground water	1.44	0.00	0.00	101.49	1,275,000.00 *gal*
Application event totals		1.44	0.00	0.00	101.49	

Application date	Application method	Precipitation 24 hours prior	Precipitation during application	Precipitation 24 hours following
08/24/2023	Surface (irrigation)	No precipitation	No precipitation	No precipitation

Source description	Material type	N (lbs/acre)	P (lbs/acre)	K (lbs/acre)	Salt (lbs/acre)	Amount
Irrigation Well	Ground water	1.44	0.00	0.00	101.49	1,275,000.00 *gal*
Application event totals		1.44	0.00	0.00	101.49	

Application date	Application method	Precipitation 24 hours prior	Precipitation during application	Precipitation 24 hours following
09/08/2023	Surface (irrigation)	No precipitation	No precipitation	No precipitation

Source description	Material type	N (lbs/acre)	P (lbs/acre)	K (lbs/acre)	Salt (lbs/acre)	Amount
Irrigation Well	Ground water	1.36	0.00	0.00	95.52	1,200,000.00 *gal*
Application event totals		1.36	0.00	0.00	95.52	

Application date	Application method	Precipitation 24 hours prior	Precipitation during application	Precipitation 24 hours following
09/23/2023	Surface (irrigation)	No precipitation	No precipitation	No precipitation

Source description	Material type	N (lbs/acre)	P (lbs/acre)	K (lbs/acre)	Salt (lbs/acre)	Amount
WWS	Process wastewater	172.30	19.50	293.91	2,164.64	484,500.00 *gal*
Irrigation Well	Ground water	0.72	0.00	0.00	50.74	637,500.00 *gal*
Application event totals		173.02	19.50	293.91	2,215.39	

Application date	Application method	Precipitation 24 hours prior	Precipitation during application	Precipitation 24 hours following
10/08/2023	Surface (irrigation)	No precipitation	No precipitation	No precipitation

Source description	Material type	N (lbs/acre)	P (lbs/acre)	K (lbs/acre)	Salt (lbs/acre)	Amount
Irrigation Well	Ground water	1.31	0.00	0.00	92.53	1,162,500.00 *gal*
Application event totals		1.31	0.00	0.00	92.53	

B. NUTRIENT BUDGET

1 - 10/27/2022: Oats, silage-soft dough

Field name: 1 Crop: Oats, silage-soft dough Plant date: 10/27/2022

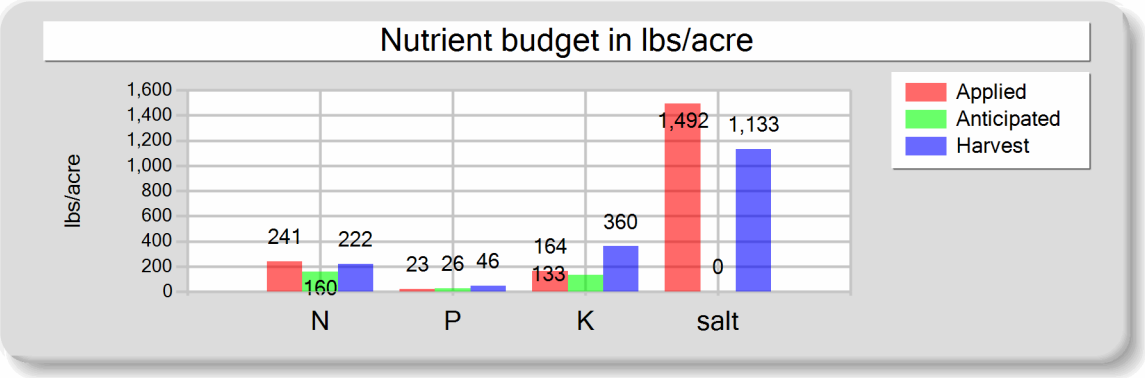

	Total N (lbs/acre)	Total P (lbs/acre)	Total K (lbs/acre)	Total salt (lbs/acre)
Existing soil nutrient content	0.00	0.00	0.00	0.00
Plowdown credit	0.00	0.00	0.00	0.00
Commercial fertilizer / Other	0.00	0.00	0.00	0.00
Dry manure	0.00	0.00	0.00	0.00
Process wastewater	233.84	22.94	164.03	1,491.86
Fresh water	0.00	0.00	0.00	0.00
Atmospheric deposition	7.00	0.00	0.00	0.00
Total nutrients applied	240.84	22.94	164.03	1,491.86
Anticipated crop nutrient removal	160.00	25.60	132.80	0.00
Actual crop nutrient removal	221.81	45.65	360.29	1,133.15
Nutrient balance	19.04	-22.72	-196.26	358.71
Applied to removed ratio	1.09	0.50	0.46	1.32

Fresh water applied	
0.00	*gallons*
0.00	*acre-inches*
0.00	*inches/acre*

Process wastewater applied	
1,767,000.00	*gallons*
65.07	*acre-inches*
1.48	*inches/acre*

Total harvests for the crop	
1	*harvests*

1 - 06/20/2023: Corn, silage

Field name: 1 Crop: Corn, silage Plant date: 06/20/2023

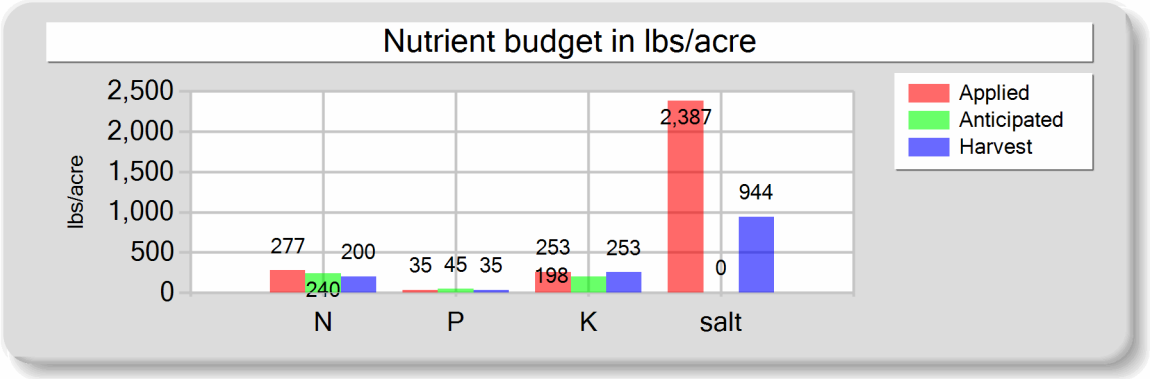

	Total N (lbs/acre)	Total P (lbs/acre)	Total K (lbs/acre)	Total salt (lbs/acre)
Existing soil nutrient content	0.00	0.00	0.00	0.00
Plowdown credit	0.00	0.00	0.00	0.00
Commercial fertilizer / Other	8.00	0.00	0.00	0.00
Dry manure	0.00	0.00	0.00	0.00
Process wastewater	261.01	34.73	253.18	2,066.98
Fresh water	0.53	0.00	0.00	319.65
Atmospheric deposition	7.00	0.00	0.00	0.00
Total nutrients applied	276.54	34.73	253.18	2,386.63
Anticipated crop nutrient removal	240.00	45.00	198.00	0.00
Actual crop nutrient removal	200.27	34.73	252.91	944.35
Nutrient balance	76.27	-0.01	0.27	1,442.29
Applied to removed ratio	1.38	1.00	1.00	2.53

Fresh water applied	
33,900,000.00	*gallons*
1,248.42	*acre-inches*
28.37	*inches/acre*

Process wastewater applied	
2,736,000.00	*gallons*
100.76	*acre-inches*
2.29	*inches/acre*

Total harvests for the crop	
1	*harvests*

10 - 10/30/2022: Oats, silage-soft dough

Field name: 10 Crop: Oats, silage-soft dough Plant date: 10/30/2022

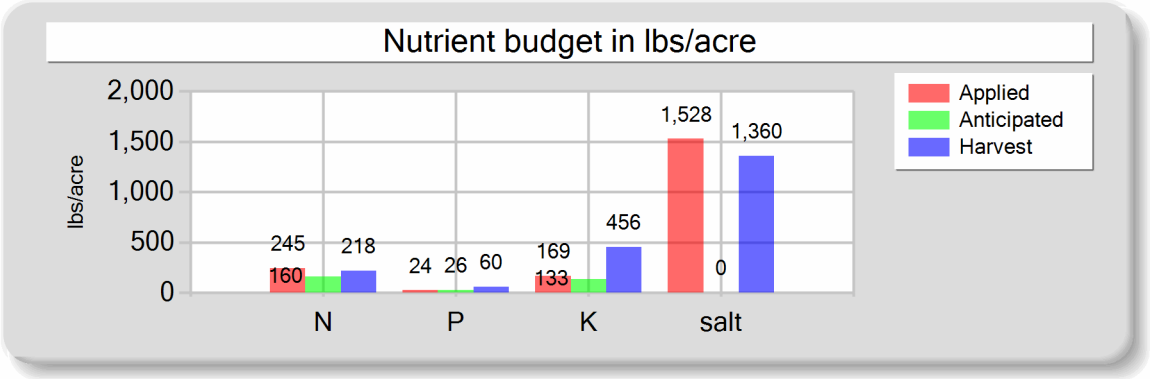

	Total N (lbs/acre)	Total P (lbs/acre)	Total K (lbs/acre)	Total salt (lbs/acre)
Existing soil nutrient content	0.00	0.00	0.00	0.00
Plowdown credit	0.00	0.00	0.00	0.00
Commercial fertilizer / Other	0.00	0.00	0.00	0.00
Dry manure	0.00	0.00	0.00	0.00
Process wastewater	238.11	23.73	168.58	1,527.84
Fresh water	0.00	0.00	0.00	0.00
Atmospheric deposition	7.00	0.00	0.00	0.00
Total nutrients applied	245.11	23.73	168.58	1,527.84
Anticipated crop nutrient removal	160.00	25.60	132.80	0.00
Actual crop nutrient removal	217.76	60.11	455.72	1,360.06
Nutrient balance	27.35	-36.38	-287.13	167.78
Applied to removed ratio	1.13	0.39	0.37	1.12

Fresh water applied	
0.00	*gallons*
0.00	*acre-inches*
0.00	*inches/acre*

Process wastewater applied	
1,225,500.00	*gallons*
45.13	*acre-inches*
1.50	*inches/acre*

Total harvests for the crop	
1	*harvests*

10 - 06/21/2023: Corn, silage

Field name: 10 Crop: Corn, silage Plant date: 06/21/2023

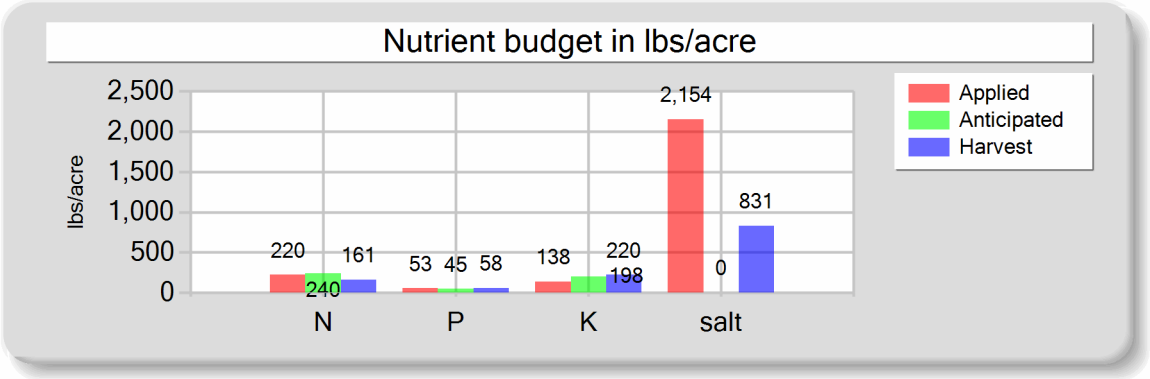

	Total N (lbs/acre)	Total P (lbs/acre)	Total K (lbs/acre)	Total salt (lbs/acre)
Existing soil nutrient content	0.00	0.00	0.00	0.00
Plowdown credit	0.00	0.00	0.00	0.00
Commercial fertilizer / Other	40.00	0.00	0.00	0.00
Dry manure	173.28	52.69	137.81	1,813.87
Process wastewater	0.00	0.00	0.00	0.00
Fresh water	0.00	0.00	0.00	339.72
Atmospheric deposition	7.00	0.00	0.00	0.00
Total nutrients applied	220.28	52.69	137.81	2,153.59
Anticipated crop nutrient removal	240.00	45.00	198.00	0.00
Actual crop nutrient removal	161.19	57.57	219.80	830.84
Nutrient balance	59.09	-4.87	-81.99	1,322.75
Applied to removed ratio	1.37	0.92	0.63	2.59

Fresh water applied	
26,550,000.00	*gallons*
977.75	*acre-inches*
32.59	*inches/acre*

Process wastewater applied	
0.00	*gallons*
0.00	*acre-inches*
0.00	*inches/acre*

Total harvests for the crop	
1	*harvests*

11 - 10/30/2022: Oats, silage-soft dough

Field name: 11 Crop: Oats, silage-soft dough Plant date: 10/30/2022

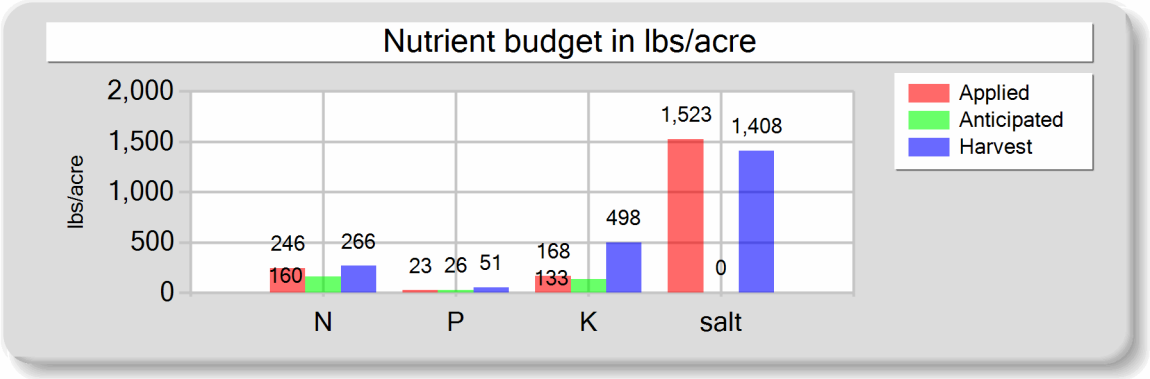

	Total N (lbs/acre)	Total P (lbs/acre)	Total K (lbs/acre)	Total salt (lbs/acre)
Existing soil nutrient content	0.00	0.00	0.00	0.00
Plowdown credit	0.00	0.00	0.00	0.00
Commercial fertilizer / Other	0.00	0.00	0.00	0.00
Dry manure	0.00	0.00	0.00	0.00
Process wastewater	238.59	23.45	167.57	1,523.32
Fresh water	0.00	0.00	0.00	0.00
Atmospheric deposition	7.00	0.00	0.00	0.00
Total nutrients applied	245.59	23.45	167.57	1,523.32
Anticipated crop nutrient removal	160.00	25.60	132.80	0.00
Actual crop nutrient removal	265.70	51.11	497.91	1,407.71
Nutrient balance	-20.11	-27.66	-330.34	115.61
Applied to removed ratio	0.92	0.46	0.34	1.08

Fresh water applied	
0.00	*gallons*
0.00	*acre-inches*
0.00	*inches/acre*

Process wastewater applied	
1,311,000.00	*gallons*
48.28	*acre-inches*
1.51	*inches/acre*

Total harvests for the crop	
1	*harvests*

11 - 06/21/2023: Corn, silage

Field name: 11 Crop: Corn, silage Plant date: 06/21/2023

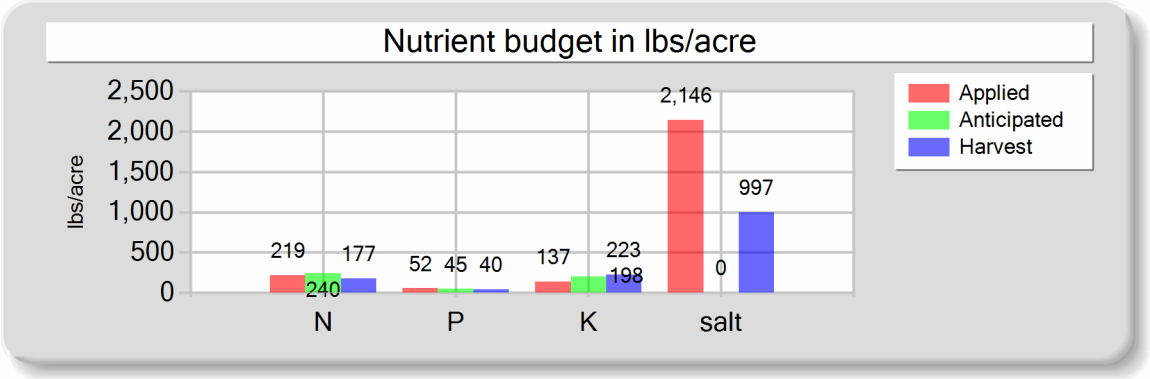

	Total N (lbs/acre)	Total P (lbs/acre)	Total K (lbs/acre)	Total salt (lbs/acre)
Existing soil nutrient content	0.00	0.00	0.00	0.00
Plowdown credit	0.00	0.00	0.00	0.00
Commercial fertilizer / Other	40.00	0.00	0.00	0.00
Dry manure	172.20	52.36	136.95	1,802.53
Process wastewater	0.00	0.00	0.00	0.00
Fresh water	0.00	0.00	0.00	343.68
Atmospheric deposition	7.00	0.00	0.00	0.00
Total nutrients applied	219.20	52.36	136.95	2,146.21
Anticipated crop nutrient removal	240.00	45.00	198.00	0.00
Actual crop nutrient removal	177.45	40.14	222.87	997.10
Nutrient balance	41.75	12.23	-85.92	1,149.11
Applied to removed ratio	1.24	1.30	0.61	2.15

Fresh water applied
28,650,000.00 *gallons*
1,055.08 *acre-inches*
32.97 *inches/acre*

Process wastewater applied
0.00 *gallons*
0.00 *acre-inches*
0.00 *inches/acre*

Total harvests for the crop
1 *harvests*

12 - 02/10/2017: Almond, in shell

Field name: 12 Crop: Almond, in shell Plant date: 02/10/2017

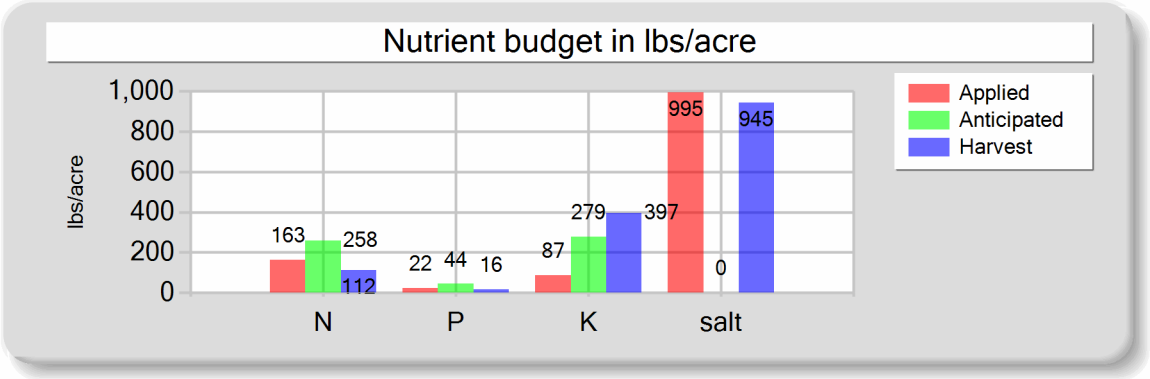

	Total N (lbs/acre)	Total P (lbs/acre)	Total K (lbs/acre)	Total salt (lbs/acre)
Existing soil nutrient content	0.00	0.00	0.00	0.00
Plowdown credit	0.00	0.00	0.00	0.00
Commercial fertilizer / Other	88.60	0.00	0.00	0.00
Dry manure	55.98	21.82	87.10	449.72
Process wastewater	0.00	0.00	0.00	0.00
Fresh water	4.83	0.00	0.00	545.42
Atmospheric deposition	14.00	0.00	0.00	0.00
Total nutrients applied	163.40	21.82	87.10	995.14
Anticipated crop nutrient removal	258.00	43.80	279.00	0.00
Actual crop nutrient removal	111.97	16.16	396.92	945.08
Nutrient balance	51.44	5.66	-309.82	50.06
Applied to removed ratio	1.46	1.35	0.22	1.05

Fresh water applied	
43,489,900.00	*gallons*
1,601.59	*acre-inches*
51.66	*inches/acre*

Process wastewater applied	
0.00	*gallons*
0.00	*acre-inches*
0.00	*inches/acre*

Total harvests for the crop	
1	*harvests*

13 - 02/10/2017: Almond, in shell

Field name: 13 Crop: Almond, in shell Plant date: 02/10/2017

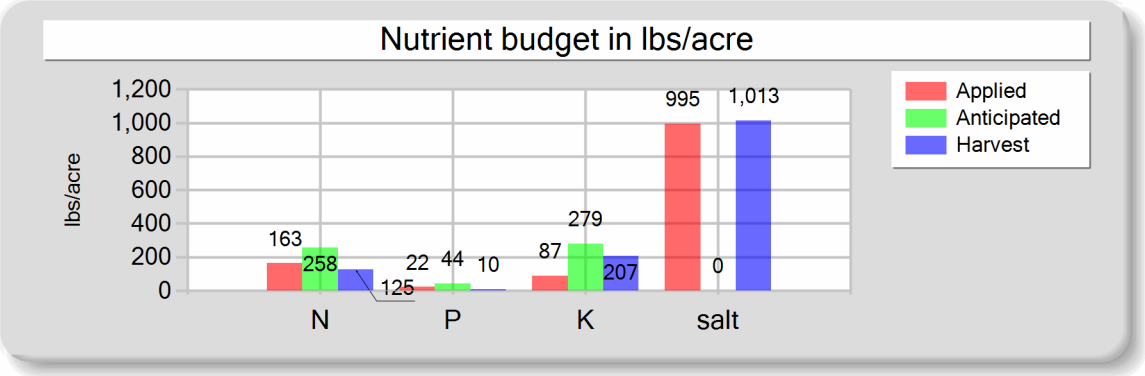

	Total N (lbs/acre)	Total P (lbs/acre)	Total K (lbs/acre)	Total salt (lbs/acre)
Existing soil nutrient content	0.00	0.00	0.00	0.00
Plowdown credit	0.00	0.00	0.00	0.00
Commercial fertilizer / Other	88.60	0.00	0.00	0.00
Dry manure	55.98	21.82	87.10	449.72
Process wastewater	0.00	0.00	0.00	0.00
Fresh water	4.83	0.00	0.00	545.42
Atmospheric deposition	14.00	0.00	0.00	0.00
Total nutrients applied	163.40	21.82	87.10	995.14
Anticipated crop nutrient removal	258.00	43.80	279.00	0.00
Actual crop nutrient removal	125.24	9.55	207.08	1,013.17
Nutrient balance	38.16	12.27	-119.98	-18.03
Applied to removed ratio	1.30	2.29	0.42	0.98

Fresh water applied	
43,489,900.00	*gallons*
1,601.59	*acre-inches*
51.66	*inches/acre*

Process wastewater applied	
0.00	*gallons*
0.00	*acre-inches*
0.00	*inches/acre*

Total harvests for the crop	
1	*harvests*

14 - 02/09/2017: Almond, in shell

Field name: 14 Crop: Almond, in shell Plant date: 02/09/2017

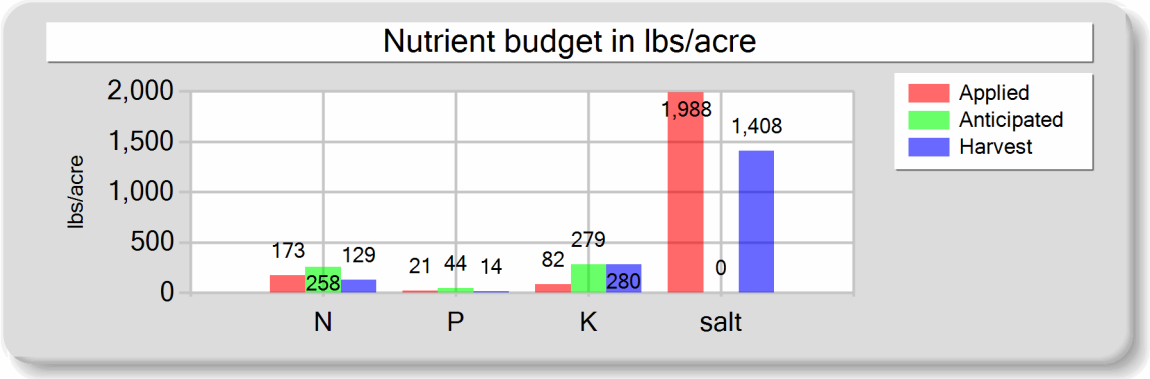

	Total N (lbs/acre)	Total P (lbs/acre)	Total K (lbs/acre)	Total salt (lbs/acre)
Existing soil nutrient content	0.00	0.00	0.00	0.00
Plowdown credit	0.00	0.00	0.00	0.00
Commercial fertilizer / Other	88.60	0.00	0.00	0.00
Dry manure	52.77	20.57	82.11	423.95
Process wastewater	0.00	0.00	0.00	0.00
Fresh water	17.53	0.00	0.00	1,564.42
Atmospheric deposition	14.00	0.00	0.00	0.00
Total nutrients applied	172.90	20.57	82.11	1,988.36
Anticipated crop nutrient removal	258.00	43.80	279.00	0.00
Actual crop nutrient removal	128.69	14.19	280.22	1,408.49
Nutrient balance	44.22	6.38	-198.12	579.87
Applied to removed ratio	1.34	1.45	0.29	1.41

Fresh water applied	
64,639,200.00	*gallons*
2,380.44	*acre-inches*
52.90	*inches/acre*

Process wastewater applied	
0.00	*gallons*
0.00	*acre-inches*
0.00	*inches/acre*

Total harvests for the crop	
1	*harvests*

15 - 02/11/2017: Almond, in shell

Field name: 15 Crop: Almond, in shell Plant date: 02/11/2017

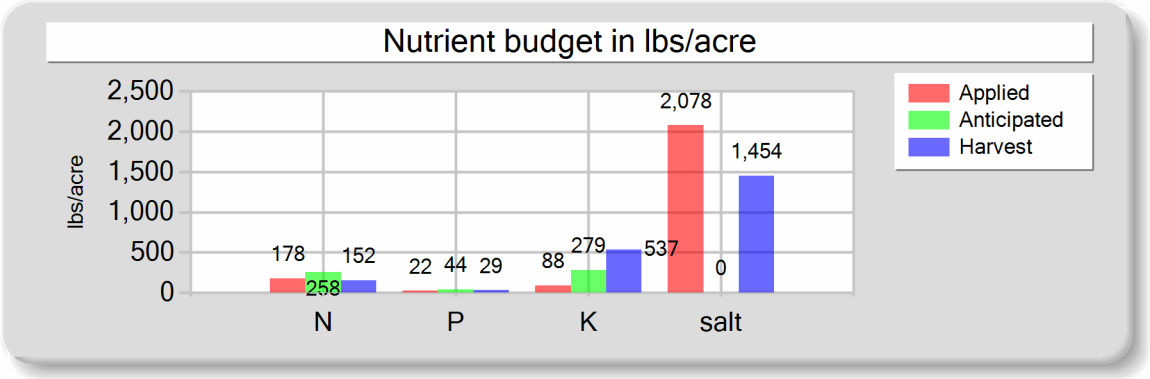

	Total N (lbs/acre)	Total P (lbs/acre)	Total K (lbs/acre)	Total salt (lbs/acre)
Existing soil nutrient content	0.00	0.00	0.00	0.00
Plowdown credit	0.00	0.00	0.00	0.00
Commercial fertilizer / Other	88.60	0.00	0.00	0.00
Dry manure	56.41	21.99	87.77	453.20
Process wastewater	0.00	0.00	0.00	0.00
Fresh water	18.59	0.00	0.00	1,624.34
Atmospheric deposition	14.00	0.00	0.00	0.00
Total nutrients applied	177.60	21.99	87.77	2,077.54
Anticipated crop nutrient removal	258.00	43.80	279.00	0.00
Actual crop nutrient removal	152.22	29.15	536.90	1,453.95
Nutrient balance	25.38	-7.16	-449.13	623.59
Applied to removed ratio	1.17	0.75	0.16	1.43

Fresh water applied	
51,193,800.00	*gallons*
1,885.29	*acre-inches*
55.45	*inches/acre*

Process wastewater applied	
0.00	*gallons*
0.00	*acre-inches*
0.00	*inches/acre*

Total harvests for the crop	
1	*harvests*

3 - 10/27/2022: Oats, silage-soft dough

Field name: 3 Crop: Oats, silage-soft dough Plant date: 10/27/2022

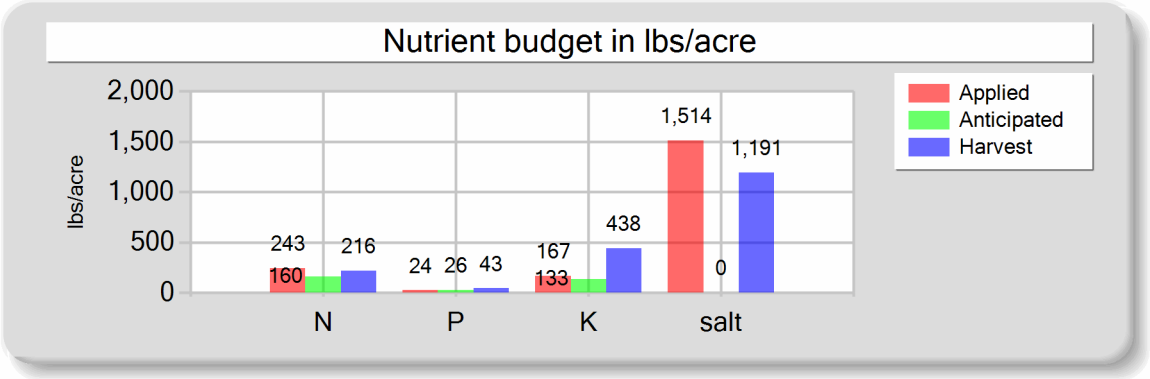

	Total N (lbs/acre)	Total P (lbs/acre)	Total K (lbs/acre)	Total salt (lbs/acre)
Existing soil nutrient content	0.00	0.00	0.00	0.00
Plowdown credit	0.00	0.00	0.00	0.00
Commercial fertilizer / Other	0.00	0.00	0.00	0.00
Dry manure	0.00	0.00	0.00	0.00
Process wastewater	236.06	23.50	167.03	1,514.12
Fresh water	0.00	0.00	0.00	0.00
Atmospheric deposition	7.00	0.00	0.00	0.00
Total nutrients applied	243.06	23.50	167.03	1,514.12
Anticipated crop nutrient removal	160.00	25.60	132.80	0.00
Actual crop nutrient removal	216.16	43.08	438.36	1,190.82
Nutrient balance	26.90	-19.58	-271.32	323.29
Applied to removed ratio	1.12	0.55	0.38	1.27

Fresh water applied	
0.00	*gallons*
0.00	*acre-inches*
0.00	*inches/acre*

Process wastewater applied	
1,539,000.00	*gallons*
56.68	*acre-inches*
1.49	*inches/acre*

Total harvests for the crop	
1	*harvests*

3 - 06/20/2023: Corn, silage

Field name: 3 Crop: Corn, silage Plant date: 06/20/2023

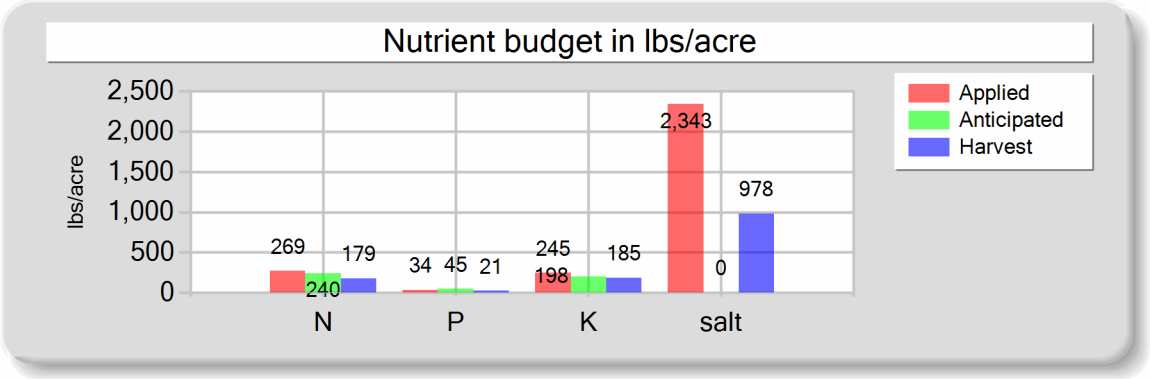

	Total N (lbs/acre)	Total P (lbs/acre)	Total K (lbs/acre)	Total salt (lbs/acre)
Existing soil nutrient content	0.00	0.00	0.00	0.00
Plowdown credit	0.00	0.00	0.00	0.00
Commercial fertilizer / Other	8.00	0.00	0.00	0.00
Dry manure	0.00	0.00	0.00	0.00
Process wastewater	253.30	33.62	244.73	2,000.30
Fresh water	0.52	0.00	0.00	342.49
Atmospheric deposition	7.00	0.00	0.00	0.00
Total nutrients applied	268.82	33.62	244.73	2,342.78
Anticipated crop nutrient removal	240.00	45.00	198.00	0.00
Actual crop nutrient removal	178.65	21.27	185.27	978.35
Nutrient balance	90.17	12.35	59.46	1,364.43
Applied to removed ratio	1.50	1.58	1.32	2.39

Fresh water applied	
31,575,000.00	*gallons*
1,162.80	*acre-inches*
30.60	*inches/acre*

Process wastewater applied	
2,280,000.00	*gallons*
83.96	*acre-inches*
2.21	*inches/acre*

Total harvests for the crop	
1	*harvests*

4 - 10/28/2022: Oats, silage-soft dough

Field name: 4 Crop: Oats, silage-soft dough Plant date: 10/28/2022

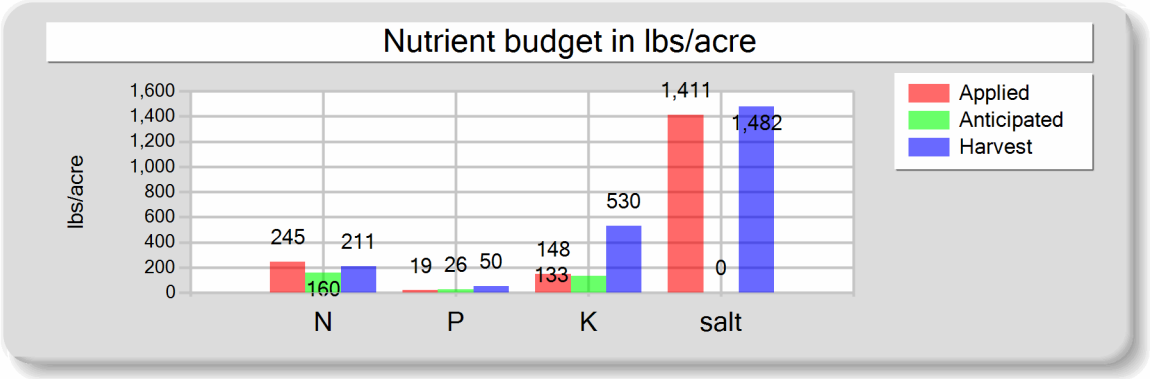

	Total N (lbs/acre)	Total P (lbs/acre)	Total K (lbs/acre)	Total salt (lbs/acre)
Existing soil nutrient content	0.00	0.00	0.00	0.00
Plowdown credit	0.00	0.00	0.00	0.00
Commercial fertilizer / Other	0.00	0.00	0.00	0.00
Dry manure	0.00	0.00	0.00	0.00
Process wastewater	238.35	18.75	147.72	1,411.43
Fresh water	0.00	0.00	0.00	0.00
Atmospheric deposition	7.00	0.00	0.00	0.00
Total nutrients applied	245.35	18.75	147.72	1,411.43
Anticipated crop nutrient removal	160.00	25.60	132.80	0.00
Actual crop nutrient removal	211.01	50.18	529.50	1,481.50
Nutrient balance	34.34	-31.43	-381.79	-70.07
Applied to removed ratio	1.16	0.37	0.28	0.95

Fresh water applied	
0.00	*gallons*
0.00	*acre-inches*
0.00	*inches/acre*

Process wastewater applied	
1,368,000.00	*gallons*
50.38	*acre-inches*
1.53	*inches/acre*

Total harvests for the crop	
1	*harvests*

4 - 06/22/2023: Corn, silage

Field name: 4 Crop: Corn, silage Plant date: 06/22/2023

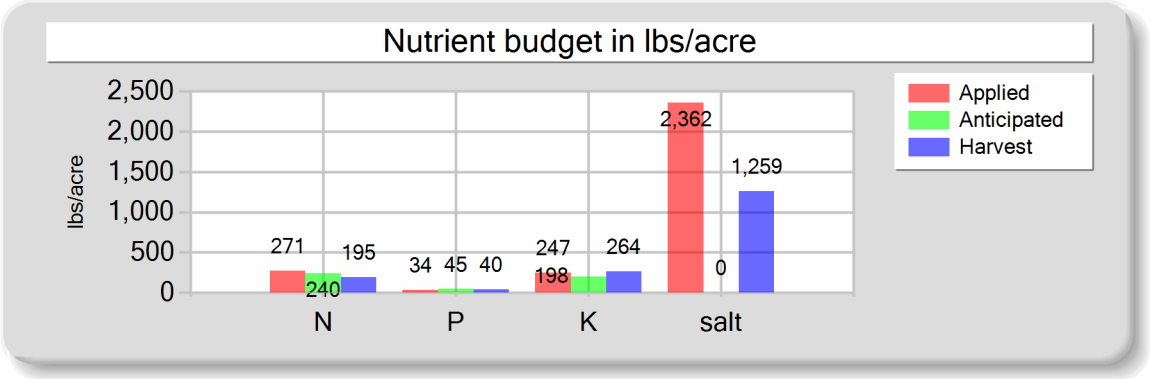

	Total N (lbs/acre)	Total P (lbs/acre)	Total K (lbs/acre)	Total salt (lbs/acre)
Existing soil nutrient content	0.00	0.00	0.00	0.00
Plowdown credit	0.00	0.00	0.00	0.00
Commercial fertilizer / Other	8.00	0.00	0.00	0.00
Dry manure	0.00	0.00	0.00	0.00
Process wastewater	255.85	33.92	246.77	2,017.97
Fresh water	0.60	0.00	0.00	344.12
Atmospheric deposition	7.00	0.00	0.00	0.00
Total nutrients applied	271.45	33.92	246.77	2,362.09
Anticipated crop nutrient removal	240.00	45.00	198.00	0.00
Actual crop nutrient removal	194.51	39.77	264.25	1,258.60
Nutrient balance	76.94	-5.86	-17.48	1,103.49
Applied to removed ratio	1.40	0.85	0.93	1.88

Fresh water applied	
27,675,000.00	*gallons*
1,019.18	*acre-inches*
30.88	*inches/acre*

Process wastewater applied	
1,995,000.00	*gallons*
73.47	*acre-inches*
2.23	*inches/acre*

Total harvests for the crop	
1	*harvests*

5 - 10/28/2022: Oats, silage-soft dough

Field name: 5 Crop: Oats, silage-soft dough Plant date: 10/28/2022

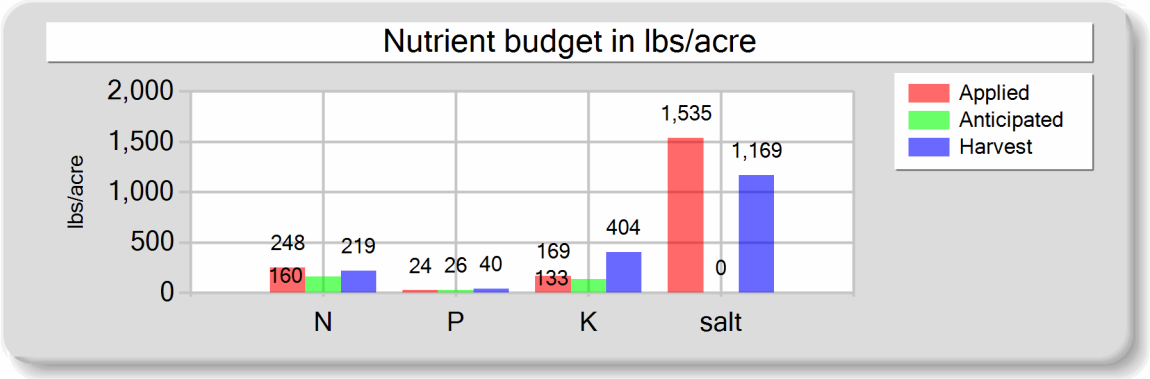

	Total N (lbs/acre)	Total P (lbs/acre)	Total K (lbs/acre)	Total salt (lbs/acre)
Existing soil nutrient content	0.00	0.00	0.00	0.00
Plowdown credit	0.00	0.00	0.00	0.00
Commercial fertilizer / Other	0.00	0.00	0.00	0.00
Dry manure	0.00	0.00	0.00	0.00
Process wastewater	240.64	23.61	168.84	1,535.45
Fresh water	0.00	0.00	0.00	0.00
Atmospheric deposition	7.00	0.00	0.00	0.00
Total nutrients applied	247.64	23.61	168.84	1,535.45
Anticipated crop nutrient removal	160.00	25.60	132.80	0.00
Actual crop nutrient removal	219.24	40.02	403.68	1,169.28
Nutrient balance	28.40	-16.41	-234.84	366.17
Applied to removed ratio	1.13	0.59	0.42	1.31

Fresh water applied
0.00 *gallons*
0.00 *acre-inches*
0.00 *inches/acre*

Process wastewater applied
1,653,000.00 *gallons*
60.87 *acre-inches*
1.52 *inches/acre*

Total harvests for the crop
1 *harvests*

5 - 06/22/2023: Corn, silage

Field name: 5 Crop: Corn, silage Plant date: 06/22/2023

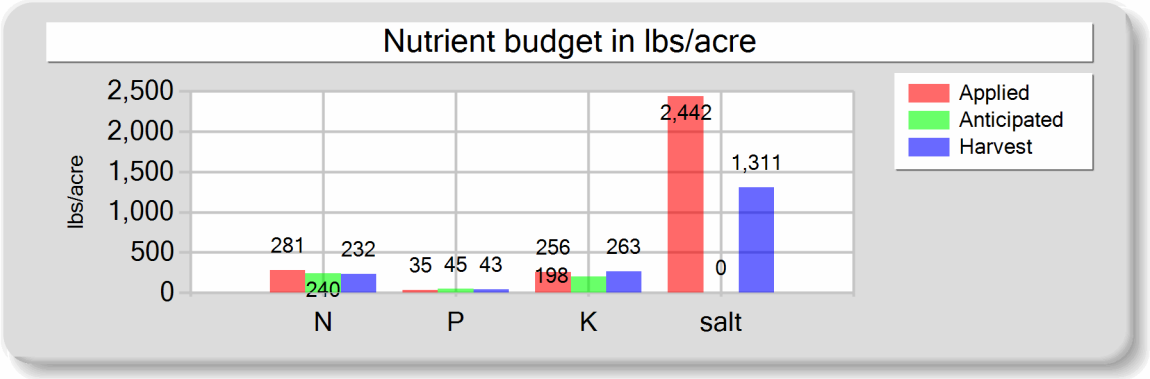

	Total N (lbs/acre)	Total P (lbs/acre)	Total K (lbs/acre)	Total salt (lbs/acre)
Existing soil nutrient content	0.00	0.00	0.00	0.00
Plowdown credit	0.00	0.00	0.00	0.00
Commercial fertilizer / Other	8.00	0.00	0.00	0.00
Dry manure	0.00	0.00	0.00	0.00
Process wastewater	265.94	35.22	256.11	2,095.30
Fresh water	0.55	0.00	0.00	346.70
Atmospheric deposition	7.00	0.00	0.00	0.00
Total nutrients applied	281.49	35.22	256.11	2,442.01
Anticipated crop nutrient removal	240.00	45.00	198.00	0.00
Actual crop nutrient removal	231.62	43.09	262.74	1,310.72
Nutrient balance	49.87	-7.87	-6.63	1,131.29
Applied to removed ratio	1.22	0.82	0.97	1.86

Fresh water applied	
33,525,000.00	*gallons*
1,234.61	*acre-inches*
30.87	*inches/acre*

Process wastewater applied	
2,508,000.00	*gallons*
92.36	*acre-inches*
2.31	*inches/acre*

Total harvests for the crop	
1	*harvests*

6 - 10/26/2022: Oats, silage-soft dough

Field name: 6 Crop: Oats, silage-soft dough Plant date: 10/26/2022

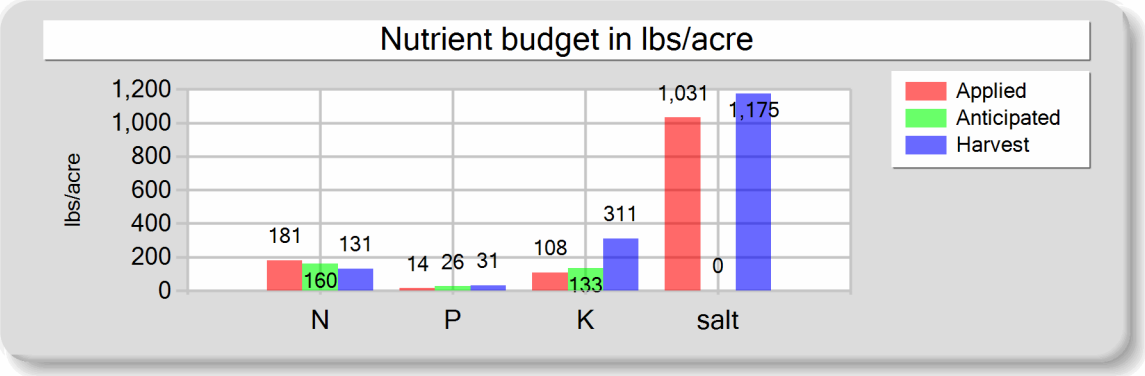

	Total N (lbs/acre)	Total P (lbs/acre)	Total K (lbs/acre)	Total salt (lbs/acre)
Existing soil nutrient content	0.00	0.00	0.00	0.00
Plowdown credit	0.00	0.00	0.00	0.00
Commercial fertilizer / Other	0.00	0.00	0.00	0.00
Dry manure	0.00	0.00	0.00	0.00
Process wastewater	174.11	13.70	107.90	1,031.00
Fresh water	0.00	0.00	0.00	0.00
Atmospheric deposition	7.00	0.00	0.00	0.00
Total nutrients applied	181.11	13.70	107.90	1,031.00
Anticipated crop nutrient removal	160.00	25.60	132.80	0.00
Actual crop nutrient removal	131.36	30.51	311.03	1,174.64
Nutrient balance	49.75	-16.81	-203.13	-143.63
Applied to removed ratio	1.38	0.45	0.35	0.88

Fresh water applied
0.00 *gallons*
0.00 *acre-inches*
0.00 *inches/acre*

Process wastewater applied
969,000.00 *gallons*
35.68 *acre-inches*
1.12 *inches/acre*

Total harvests for the crop
1 *harvests*

6 - 06/23/2023: Corn, silage

Field name: 6 Crop: Corn, silage Plant date: 06/23/2023

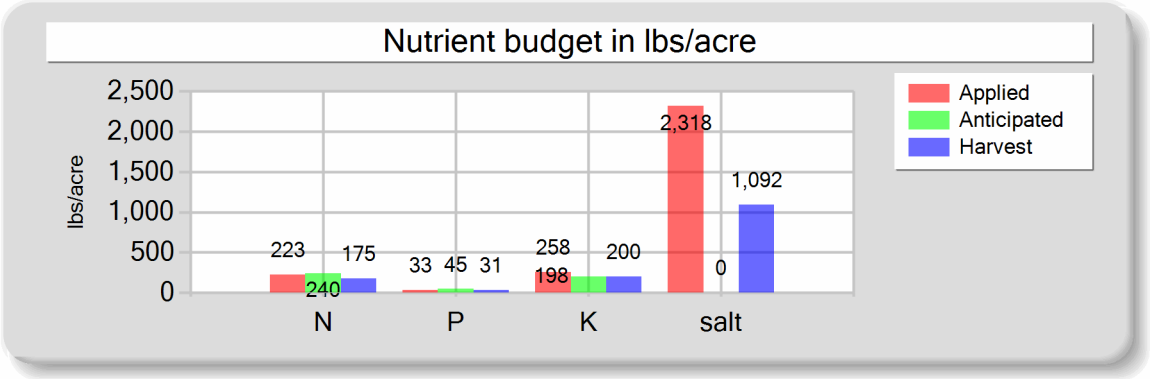

	Total N (lbs/acre)	Total P (lbs/acre)	Total K (lbs/acre)	Total salt (lbs/acre)
Existing soil nutrient content	0.00	0.00	0.00	0.00
Plowdown credit	0.00	0.00	0.00	0.00
Commercial fertilizer / Other	8.00	0.00	0.00	0.00
Dry manure	0.00	0.00	0.00	0.00
Process wastewater	207.54	32.64	257.97	1,971.04
Fresh water	0.79	0.00	0.00	346.58
Atmospheric deposition	7.00	0.00	0.00	0.00
Total nutrients applied	223.33	32.64	257.97	2,317.62
Anticipated crop nutrient removal	240.00	45.00	198.00	0.00
Actual crop nutrient removal	174.58	31.31	200.05	1,092.24
Nutrient balance	48.75	1.33	57.93	1,225.38
Applied to removed ratio	1.28	1.04	1.29	2.12

Fresh water applied	
26,475,000.00	*gallons*
974.98	*acre-inches*
30.47	*inches/acre*

Process wastewater applied	
2,223,000.00	*gallons*
81.87	*acre-inches*
2.56	*inches/acre*

Total harvests for the crop	
1	*harvests*

7 - 10/26/2022: Oats, silage-soft dough

Field name: 7 Crop: Oats, silage-soft dough Plant date: 10/26/2022

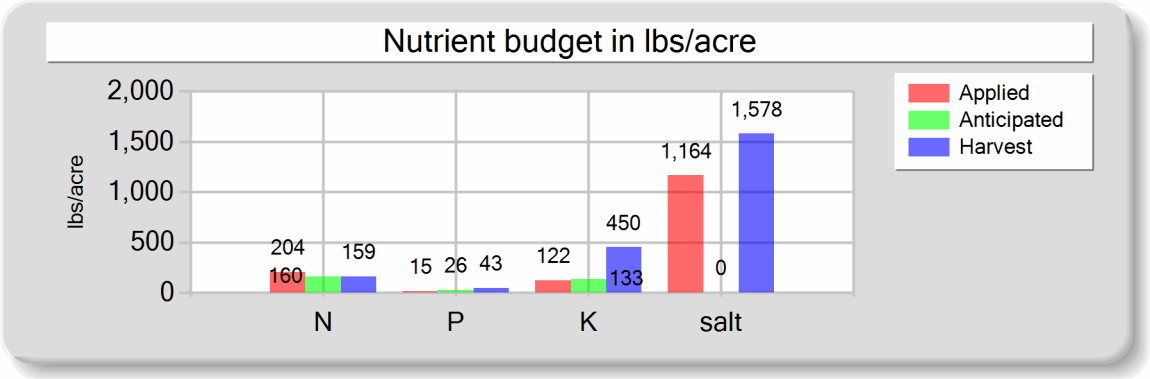

	Total N (lbs/acre)	Total P (lbs/acre)	Total K (lbs/acre)	Total salt (lbs/acre)
Existing soil nutrient content	0.00	0.00	0.00	0.00
Plowdown credit	0.00	0.00	0.00	0.00
Commercial fertilizer / Other	0.00	0.00	0.00	0.00
Dry manure	0.00	0.00	0.00	0.00
Process wastewater	196.64	15.47	121.87	1,164.43
Fresh water	0.00	0.00	0.00	0.00
Atmospheric deposition	7.00	0.00	0.00	0.00
Total nutrients applied	203.64	15.47	121.87	1,164.43
Anticipated crop nutrient removal	160.00	25.60	132.80	0.00
Actual crop nutrient removal	159.14	43.36	450.47	1,578.41
Nutrient balance	44.50	-27.89	-328.60	-413.99
Applied to removed ratio	1.28	0.36	0.27	0.74

Fresh water applied	
0.00	*gallons*
0.00	*acre-inches*
0.00	*inches/acre*

Process wastewater applied	
1,368,000.00	*gallons*
50.38	*acre-inches*
1.26	*inches/acre*

Total harvests for the crop	
1	*harvests*

7 - 06/23/2023: Corn, silage

Field name: 7 Crop: Corn, silage Plant date: 06/23/2023

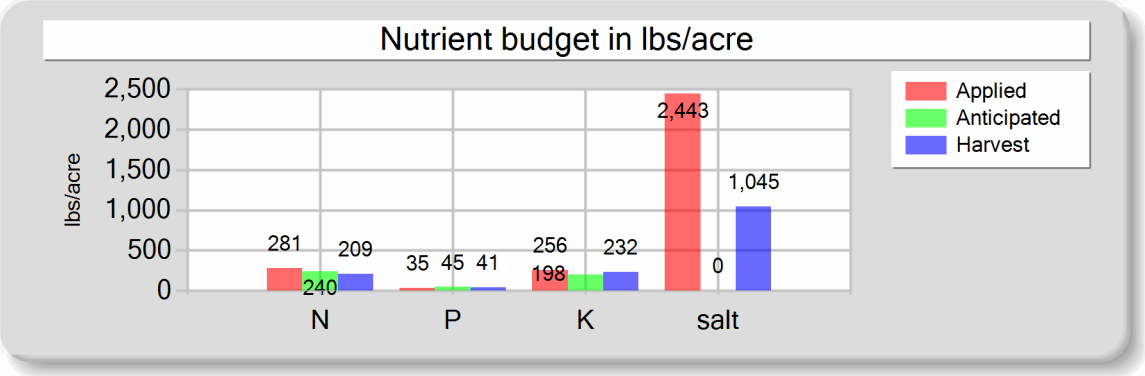

	Total N (lbs/acre)	Total P (lbs/acre)	Total K (lbs/acre)	Total salt (lbs/acre)
Existing soil nutrient content	0.00	0.00	0.00	0.00
Plowdown credit	0.00	0.00	0.00	0.00
Commercial fertilizer / Other	8.00	0.00	0.00	0.00
Dry manure	0.00	0.00	0.00	0.00
Process wastewater	265.94	35.22	256.11	2,095.30
Fresh water	0.55	0.00	0.00	348.14
Atmospheric deposition	7.00	0.00	0.00	0.00
Total nutrients applied	281.49	35.22	256.11	2,443.45
Anticipated crop nutrient removal	240.00	45.00	198.00	0.00
Actual crop nutrient removal	209.06	41.03	232.11	1,044.87
Nutrient balance	72.43	-5.81	24.00	1,398.58
Applied to removed ratio	1.35	0.86	1.10	2.34

Fresh water applied	
33,675,000.00	*gallons*
1,240.14	*acre-inches*
31.00	*inches/acre*

Process wastewater applied	
2,508,000.00	*gallons*
92.36	*acre-inches*
2.31	*inches/acre*

Total harvests for the crop	
1	*harvests*

8 - 10/29/2022: Oats, silage-soft dough

Field name: 8 Crop: Oats, silage-soft dough Plant date: 10/29/2022

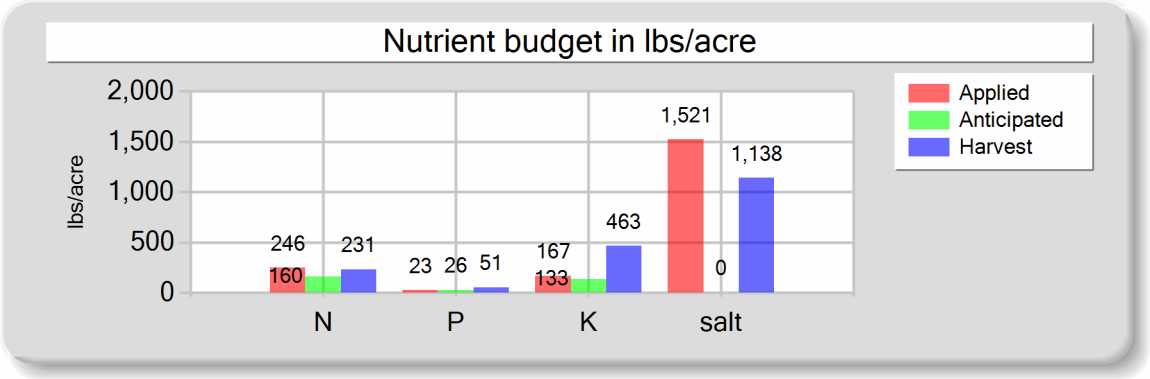

	Total N (lbs/acre)	Total P (lbs/acre)	Total K (lbs/acre)	Total salt (lbs/acre)
Existing soil nutrient content	0.00	0.00	0.00	0.00
Plowdown credit	0.00	0.00	0.00	0.00
Commercial fertilizer / Other	0.00	0.00	0.00	0.00
Dry manure	0.00	0.00	0.00	0.00
Process wastewater	238.88	23.29	166.96	1,520.61
Fresh water	0.00	0.00	0.00	0.00
Atmospheric deposition	7.00	0.00	0.00	0.00
Total nutrients applied	245.88	23.29	166.96	1,520.61
Anticipated crop nutrient removal	160.00	25.60	132.80	0.00
Actual crop nutrient removal	231.19	50.54	463.32	1,138.18
Nutrient balance	14.69	-27.26	-296.36	382.43
Applied to removed ratio	1.06	0.46	0.36	1.34

Fresh water applied	
0.00	*gallons*
0.00	*acre-inches*
0.00	*inches/acre*

Process wastewater applied	
2,052,000.00	*gallons*
75.57	*acre-inches*
1.51	*inches/acre*

Total harvests for the crop	
1	*harvests*

8 - 06/24/2023: Corn, silage

Field name: 8 Crop: Corn, silage Plant date: 06/24/2023

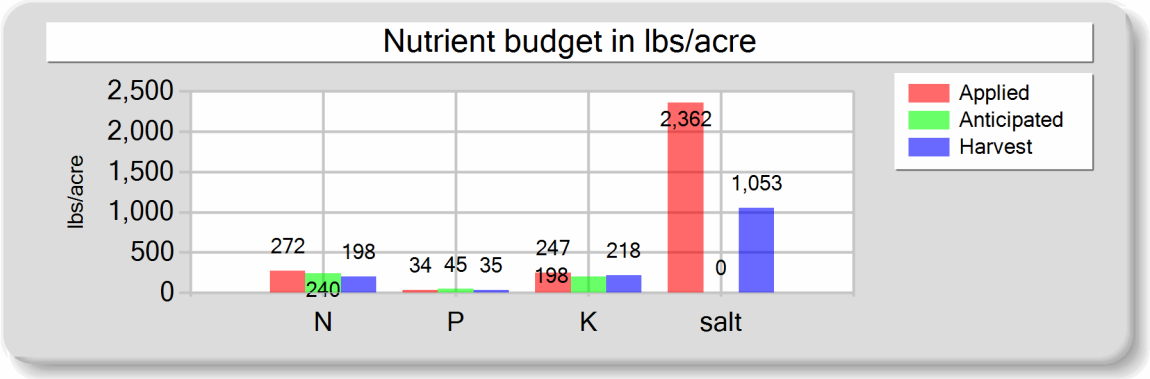

	Total N (lbs/acre)	Total P (lbs/acre)	Total K (lbs/acre)	Total salt (lbs/acre)
Existing soil nutrient content	0.00	0.00	0.00	0.00
Plowdown credit	0.00	0.00	0.00	0.00
Commercial fertilizer / Other	8.00	0.00	0.00	0.00
Dry manure	0.00	0.00	0.00	0.00
Process wastewater	256.65	33.97	246.91	2,020.62
Fresh water	0.61	0.00	0.00	340.88
Atmospheric deposition	7.00	0.00	0.00	0.00
Total nutrients applied	272.26	33.97	246.91	2,361.50
Anticipated crop nutrient removal	240.00	45.00	198.00	0.00
Actual crop nutrient removal	197.86	34.62	218.19	1,052.59
Nutrient balance	74.40	-0.66	28.72	1,308.91
Applied to removed ratio	1.38	0.98	1.13	2.24

Fresh water applied	
41,475,000.00	*gallons*
1,527.38	*acre-inches*
30.55	*inches/acre*

Process wastewater applied	
3,021,000.00	*gallons*
111.25	*acre-inches*
2.23	*inches/acre*

Total harvests for the crop	
1	*harvests*

9 - 10/29/2022: Oats, silage-soft dough

Field name: 9 Crop: Oats, silage-soft dough Plant date: 10/29/2022

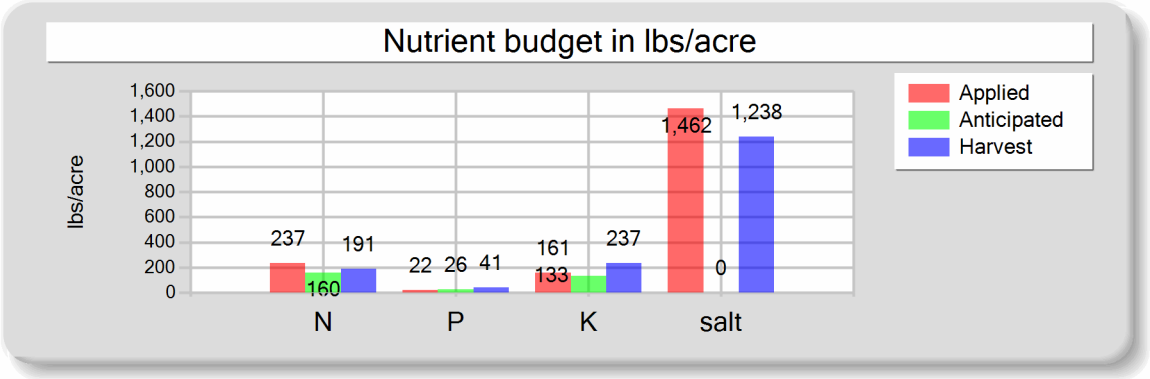

	Total N (lbs/acre)	Total P (lbs/acre)	Total K (lbs/acre)	Total salt (lbs/acre)
Existing soil nutrient content	0.00	0.00	0.00	0.00
Plowdown credit	0.00	0.00	0.00	0.00
Commercial fertilizer / Other	0.00	0.00	0.00	0.00
Dry manure	0.00	0.00	0.00	0.00
Process wastewater	229.69	22.39	160.54	1,462.12
Fresh water	0.00	0.00	0.00	0.00
Atmospheric deposition	7.00	0.00	0.00	0.00
Total nutrients applied	236.69	22.39	160.54	1,462.12
Anticipated crop nutrient removal	160.00	25.60	132.80	0.00
Actual crop nutrient removal	190.94	40.63	237.25	1,238.48
Nutrient balance	45.76	-18.24	-76.71	223.64
Applied to removed ratio	1.24	0.55	0.68	1.18

Fresh water applied
0.00 *gallons*
0.00 *acre-inches*
0.00 *inches/acre*

Process wastewater applied
2,052,000.00 *gallons*
75.57 *acre-inches*
1.45 *inches/acre*

Total harvests for the crop
1 *harvests*

9 - 06/25/2023: Corn, silage

Field name: 9 Crop: Corn, silage Plant date: 06/25/2023

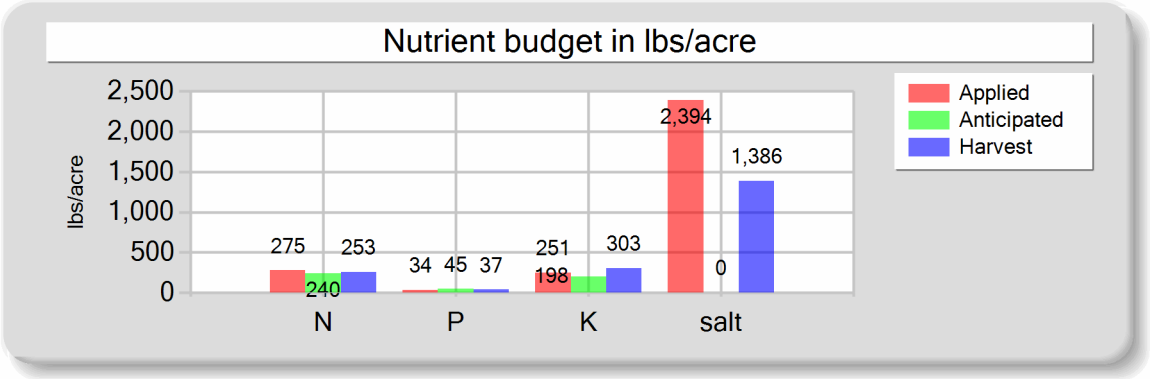

	Total N (lbs/acre)	Total P (lbs/acre)	Total K (lbs/acre)	Total salt (lbs/acre)
Existing soil nutrient content	0.00	0.00	0.00	0.00
Plowdown credit	0.00	0.00	0.00	0.00
Commercial fertilizer / Other	8.00	0.00	0.00	0.00
Dry manure	0.00	0.00	0.00	0.00
Process wastewater	259.79	34.44	250.57	2,049.02
Fresh water	0.53	0.00	0.00	345.39
Atmospheric deposition	7.00	0.00	0.00	0.00
Total nutrients applied	275.32	34.44	250.57	2,394.41
Anticipated crop nutrient removal	240.00	45.00	198.00	0.00
Actual crop nutrient removal	253.22	36.88	303.01	1,386.20
Nutrient balance	22.10	-2.44	-52.44	1,008.20
Applied to removed ratio	1.09	0.93	0.83	1.73

Fresh water applied	
43,500,000.00	*gallons*
1,601.96	*acre-inches*
30.81	*inches/acre*

Process wastewater applied	
3,192,000.00	*gallons*
117.55	*acre-inches*
2.26	*inches/acre*

Total harvests for the crop	
1	*harvests*

Carter Field 1 - 10/03/2016: Almond, in shell

Field name: Carter Field 1 Crop: Almond, in shell Plant date: 10/03/2016

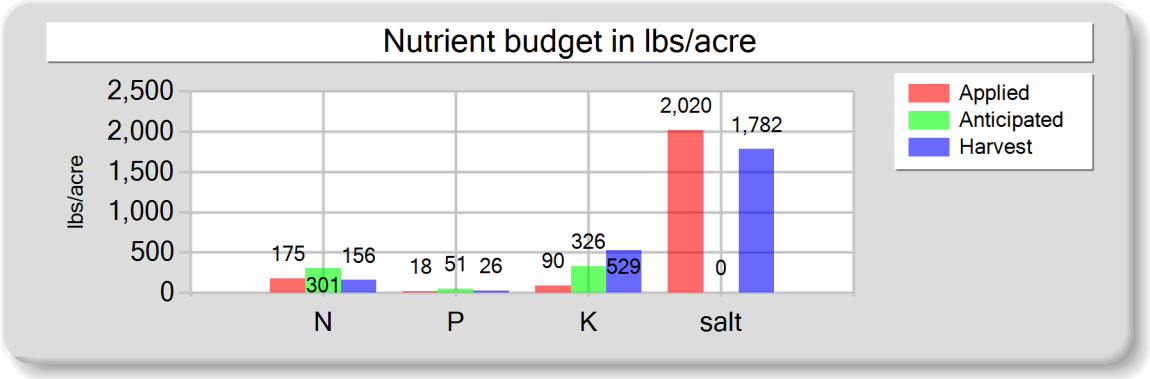

	Total N (lbs/acre)	Total P (lbs/acre)	Total K (lbs/acre)	Total salt (lbs/acre)
Existing soil nutrient content	0.00	0.00	0.00	0.00
Plowdown credit	0.00	0.00	0.00	0.00
Commercial fertilizer / Other	88.60	0.00	0.00	0.00
Dry manure	54.19	17.82	89.65	472.81
Process wastewater	0.00	0.00	0.00	0.00
Fresh water	17.86	0.00	0.00	1,546.80
Atmospheric deposition	14.00	0.00	0.00	0.00
Total nutrients applied	174.65	17.82	89.65	2,019.61
Anticipated crop nutrient removal	301.00	51.10	325.50	0.00
Actual crop nutrient removal	156.00	26.26	529.10	1,782.14
Nutrient balance	18.65	-8.44	-439.45	237.47
Applied to removed ratio	1.12	0.68	0.17	1.13

Fresh water applied	
40,600,000.00	*gallons*
1,495.16	*acre-inches*
51.56	*inches/acre*

Process wastewater applied	
0.00	*gallons*
0.00	*acre-inches*
0.00	*inches/acre*

Total harvests for the crop	
1	*harvests*

Carter Field 2 - 10/05/2016: Almond, in shell

Field name: Carter Field 2 Crop: Almond, in shell Plant date: 10/05/2016

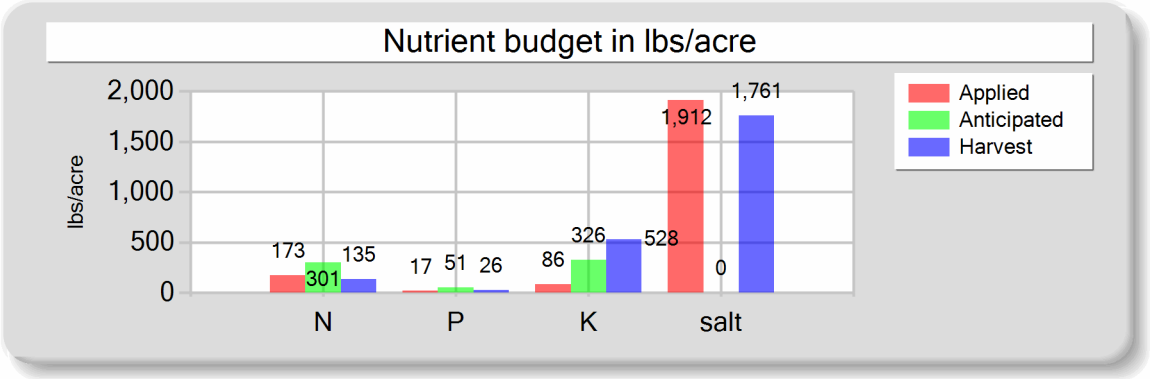

	Total N (lbs/acre)	Total P (lbs/acre)	Total K (lbs/acre)	Total salt (lbs/acre)
Existing soil nutrient content	0.00	0.00	0.00	0.00
Plowdown credit	0.00	0.00	0.00	0.00
Commercial fertilizer / Other	88.60	0.00	0.00	0.00
Dry manure	51.92	17.07	85.89	452.96
Process wastewater	0.00	0.00	0.00	0.00
Fresh water	18.66	0.00	0.00	1,458.96
Atmospheric deposition	14.00	0.00	0.00	0.00
Total nutrients applied	173.18	17.07	85.89	1,911.92
Anticipated crop nutrient removal	301.00	51.10	325.50	0.00
Actual crop nutrient removal	135.34	26.13	527.96	1,760.76
Nutrient balance	37.84	-9.06	-442.07	151.16
Applied to removed ratio	1.28	0.65	0.16	1.09

Fresh water applied	
98,014,000.00	*gallons*
3,609.52	*acre-inches*
51.56	*inches/acre*

Process wastewater applied	
0.00	*gallons*
0.00	*acre-inches*
0.00	*inches/acre*

Total harvests for the crop	
1	*harvests*

Carter Field 20 - 10/20/2020: Pistacio

Field name: Carter Field 20 Crop: Pistacio Plant date: 10/20/2020

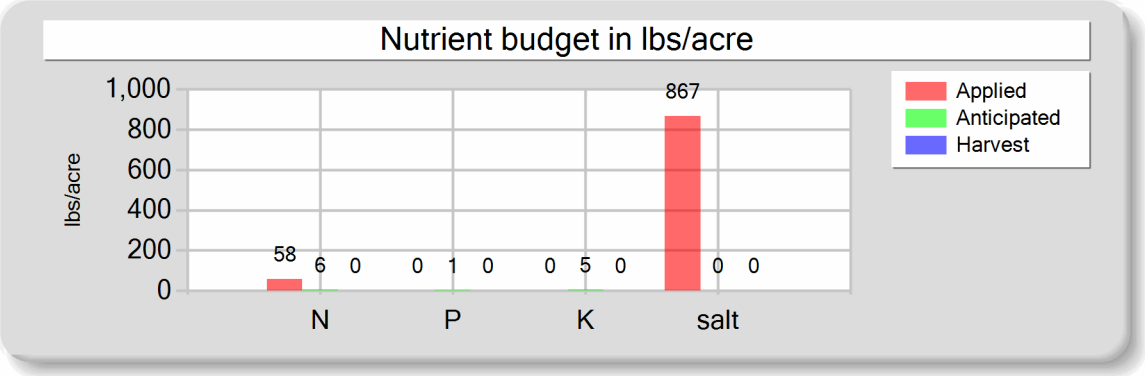

	Total N (lbs/acre)	Total P (lbs/acre)	Total K (lbs/acre)	Total salt (lbs/acre)
Existing soil nutrient content	0.00	0.00	0.00	0.00
Plowdown credit	0.00	0.00	0.00	0.00
Commercial fertilizer / Other	30.60	0.00	0.00	0.00
Dry manure	0.00	0.00	0.00	0.00
Process wastewater	0.00	0.00	0.00	0.00
Fresh water	13.73	0.00	0.00	866.64
Atmospheric deposition	14.00	0.00	0.00	0.00
Total nutrients applied	58.33	0.00	0.00	866.64
Anticipated crop nutrient removal	5.60	0.60	5.00	0.00
Actual crop nutrient removal	0.00	0.00	0.00	0.00
Nutrient balance	58.33	0.00	0.00	866.64
Applied to removed ratio	0.00	0.00	0.00	0.00

Fresh water applied	
17,602,000.00	*gallons*
648.22	*acre-inches*
32.41	*inches/acre*

Process wastewater applied	
0.00	*gallons*
0.00	*acre-inches*
0.00	*inches/acre*

Total harvests for the crop	
1	*harvests*

Carter Field 22 - 10/05/2015: Alfalfa, hay

Field name: Carter Field 22 Crop: Alfalfa, hay Plant date: 10/05/2015

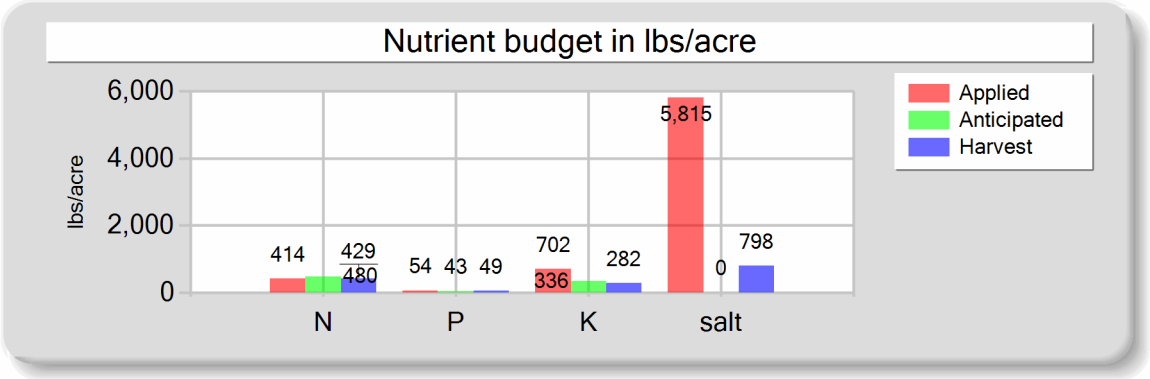

	Total N (lbs/acre)	Total P (lbs/acre)	Total K (lbs/acre)	Total salt (lbs/acre)
Existing soil nutrient content	0.00	0.00	0.00	0.00
Plowdown credit	0.00	0.00	0.00	0.00
Commercial fertilizer / Other	0.00	0.00	0.00	0.00
Dry manure	0.00	0.00	0.00	0.00
Process wastewater	386.26	53.82	701.81	4,871.67
Fresh water	13.39	0.00	0.00	943.65
Atmospheric deposition	14.00	0.00	0.00	0.00
Total nutrients applied	413.66	53.82	701.81	5,815.32
Anticipated crop nutrient removal	480.00	43.20	336.00	0.00
Actual crop nutrient removal	429.00	49.20	282.00	798.32
Nutrient balance	-15.34	4.62	419.81	5,017.00
Applied to removed ratio	0.96	1.09	2.49	7.28

Fresh water applied	
20,062,500.00	*gallons*
738.83	*acre-inches*
33.58	*inches/acre*

Process wastewater applied	
2,023,500.00	*gallons*
74.52	*acre-inches*
3.39	*inches/acre*

Total harvests for the crop	
1	*harvests*

Carter Field 3 - 10/08/2016: Almond, in shell

Field name: Carter Field 3 Crop: Almond, in shell Plant date: 10/08/2016

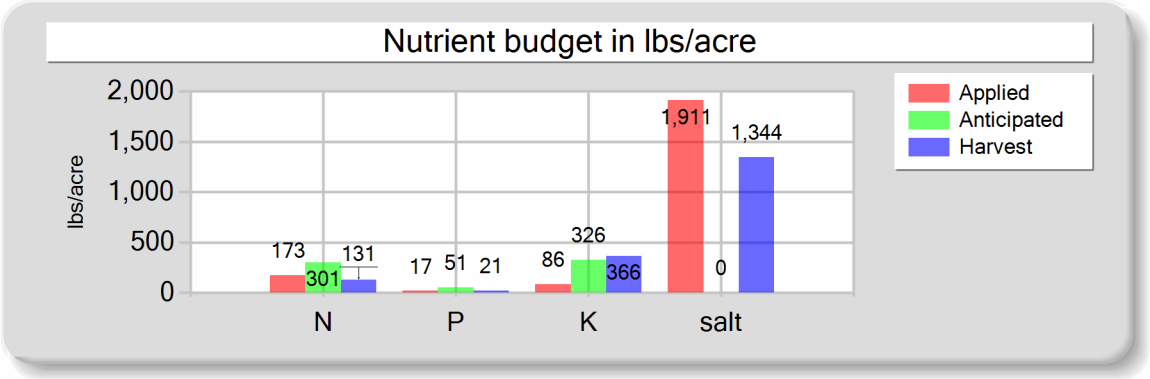

	Total N (lbs/acre)	Total P (lbs/acre)	Total K (lbs/acre)	Total salt (lbs/acre)
Existing soil nutrient content	0.00	0.00	0.00	0.00
Plowdown credit	0.00	0.00	0.00	0.00
Commercial fertilizer / Other	88.60	0.00	0.00	0.00
Dry manure	51.79	17.03	85.68	451.85
Process wastewater	0.00	0.00	0.00	0.00
Fresh water	18.66	0.00	0.00	1,459.10
Atmospheric deposition	14.00	0.00	0.00	0.00
Total nutrients applied	173.05	17.03	85.68	1,910.95
Anticipated crop nutrient removal	301.00	51.10	325.50	0.00
Actual crop nutrient removal	130.55	21.39	365.70	1,344.34
Nutrient balance	42.50	-4.36	-280.02	566.61
Applied to removed ratio	1.33	0.80	0.23	1.42

Fresh water applied	
77,016,500.00	*gallons*
2,836.26	*acre-inches*
51.57	*inches/acre*

Process wastewater applied	
0.00	*gallons*
0.00	*acre-inches*
0.00	*inches/acre*

Total harvests for the crop	
1	*harvests*

Carter Field 4 - 10/10/2016: Almond, in shell

Field name: Carter Field 4 Crop: Almond, in shell Plant date: 10/10/2016

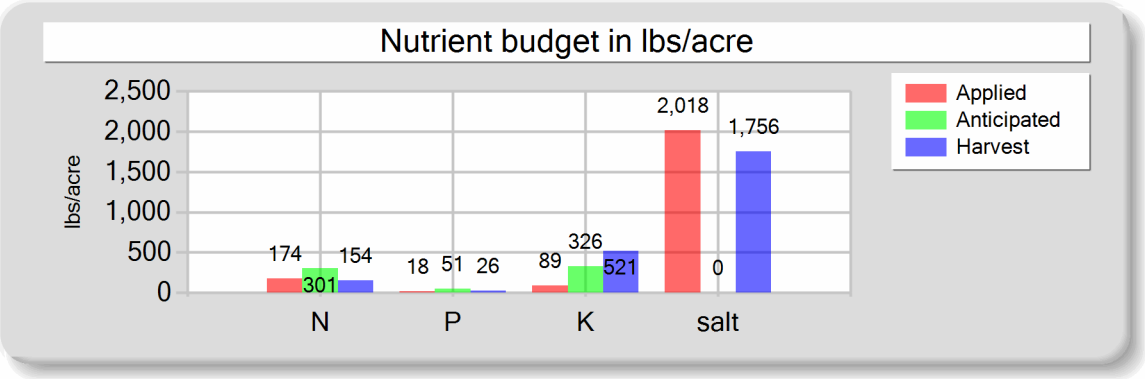

	Total N (lbs/acre)	Total P (lbs/acre)	Total K (lbs/acre)	Total salt (lbs/acre)
Existing soil nutrient content	0.00	0.00	0.00	0.00
Plowdown credit	0.00	0.00	0.00	0.00
Commercial fertilizer / Other	88.60	0.00	0.00	0.00
Dry manure	54.02	17.77	89.37	471.33
Process wastewater	0.00	0.00	0.00	0.00
Fresh water	17.86	0.00	0.00	1,546.80
Atmospheric deposition	14.00	0.00	0.00	0.00
Total nutrients applied	174.48	17.77	89.37	2,018.13
Anticipated crop nutrient removal	301.00	51.10	325.50	0.00
Actual crop nutrient removal	153.72	25.88	521.37	1,756.10
Nutrient balance	20.76	-8.11	-432.00	262.03
Applied to removed ratio	1.14	0.69	0.17	1.15

Fresh water applied	
28,000,000.00	*gallons*
1,031.14	*acre-inches*
51.56	*inches/acre*

Process wastewater applied	
0.00	*gallons*
0.00	*acre-inches*
0.00	*inches/acre*

Total harvests for the crop	
1	*harvests*

Carter Field 50 - 10/20/2020: Pistacio

Field name: Carter Field 50 Crop: Pistacio Plant date: 10/20/2020

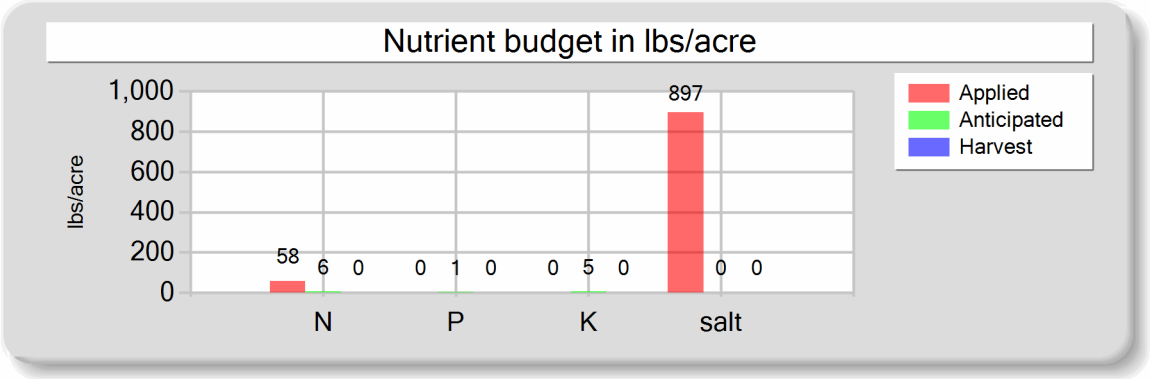

	Total N (lbs/acre)	Total P (lbs/acre)	Total K (lbs/acre)	Total salt (lbs/acre)
Existing soil nutrient content	0.00	0.00	0.00	0.00
Plowdown credit	0.00	0.00	0.00	0.00
Commercial fertilizer / Other	30.60	0.00	0.00	0.00
Dry manure	0.00	0.00	0.00	0.00
Process wastewater	0.00	0.00	0.00	0.00
Fresh water	13.38	0.00	0.00	896.65
Atmospheric deposition	14.00	0.00	0.00	0.00
Total nutrients applied	57.98	0.00	0.00	896.65
Anticipated crop nutrient removal	5.60	0.60	5.00	0.00
Actual crop nutrient removal	0.00	0.00	0.00	0.00
Nutrient balance	57.98	0.00	0.00	896.65
Applied to removed ratio	0.00	0.00	0.00	0.00

Fresh water applied	
42,979,200.00	*gallons*
1,582.78	*acre-inches*
32.97	*inches/acre*

Process wastewater applied	
0.00	*gallons*
0.00	*acre-inches*
0.00	*inches/acre*

Total harvests for the crop	
1	*harvests*

Carter Field 6.a - 02/05/2017: Almond, in shell

Field name: Carter Field 6.a Crop: Almond, in shell Plant date: 02/05/2017

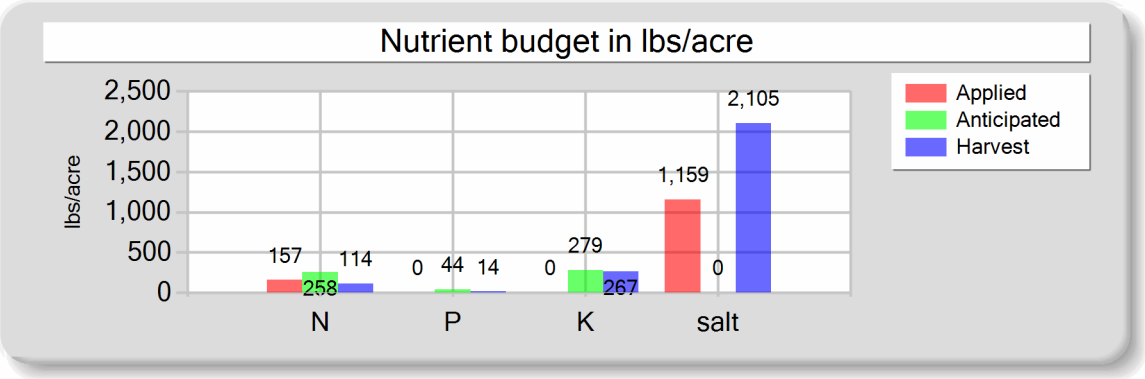

	Total N (lbs/acre)	Total P (lbs/acre)	Total K (lbs/acre)	Total salt (lbs/acre)
Existing soil nutrient content	0.00	0.00	0.00	0.00
Plowdown credit	0.00	0.00	0.00	0.00
Commercial fertilizer / Other	126.40	0.00	0.00	0.00
Dry manure	0.00	0.00	0.00	0.00
Process wastewater	0.00	0.00	0.00	0.00
Fresh water	16.45	0.00	0.00	1,159.21
Atmospheric deposition	14.00	0.00	0.00	0.00
Total nutrients applied	156.85	0.00	0.00	1,159.21
Anticipated crop nutrient removal	258.00	43.80	279.00	0.00
Actual crop nutrient removal	114.07	13.66	266.63	2,104.65
Nutrient balance	42.79	-13.66	-266.63	-945.44
Applied to removed ratio	1.38	0.00	0.00	0.55

Fresh water applied	
34,727,750.00	*gallons*
1,278.90	*acre-inches*
41.25	*inches/acre*

Process wastewater applied	
0.00	*gallons*
0.00	*acre-inches*
0.00	*inches/acre*

Total harvests for the crop	
1	*harvests*

Carter Field 6.b - 02/05/2017: Almond, in shell

Field name: Carter Field 6.b Crop: Almond, in shell Plant date: 02/05/2017

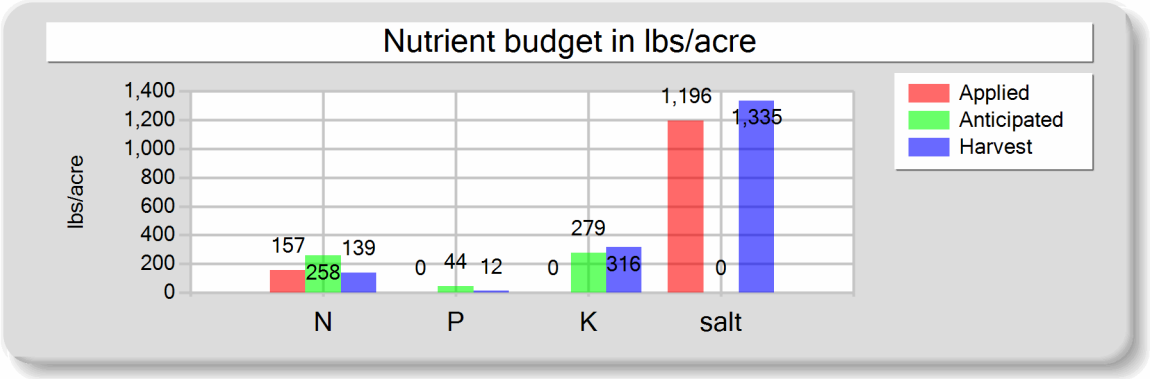

	Total N (lbs/acre)	Total P (lbs/acre)	Total K (lbs/acre)	Total salt (lbs/acre)
Existing soil nutrient content	0.00	0.00	0.00	0.00
Plowdown credit	0.00	0.00	0.00	0.00
Commercial fertilizer / Other	126.40	0.00	0.00	0.00
Dry manure	0.00	0.00	0.00	0.00
Process wastewater	0.00	0.00	0.00	0.00
Fresh water	16.97	0.00	0.00	1,195.58
Atmospheric deposition	14.00	0.00	0.00	0.00
Total nutrients applied	157.37	0.00	0.00	1,195.58
Anticipated crop nutrient removal	258.00	43.80	279.00	0.00
Actual crop nutrient removal	139.49	12.21	316.17	1,334.55
Nutrient balance	17.88	-12.21	-316.17	-138.97
Applied to removed ratio	1.13	0.00	0.00	0.90

Fresh water applied	
28,885,000.00	*gallons*
1,063.74	*acre-inches*
42.55	*inches/acre*

Process wastewater applied	
0.00	*gallons*
0.00	*acre-inches*
0.00	*inches/acre*

Total harvests for the crop	
1	*harvests*

Carter Field 6.c - 02/05/2017: Almond, in shell

Field name: Carter Field 6.c Crop: Almond, in shell Plant date: 02/05/2017

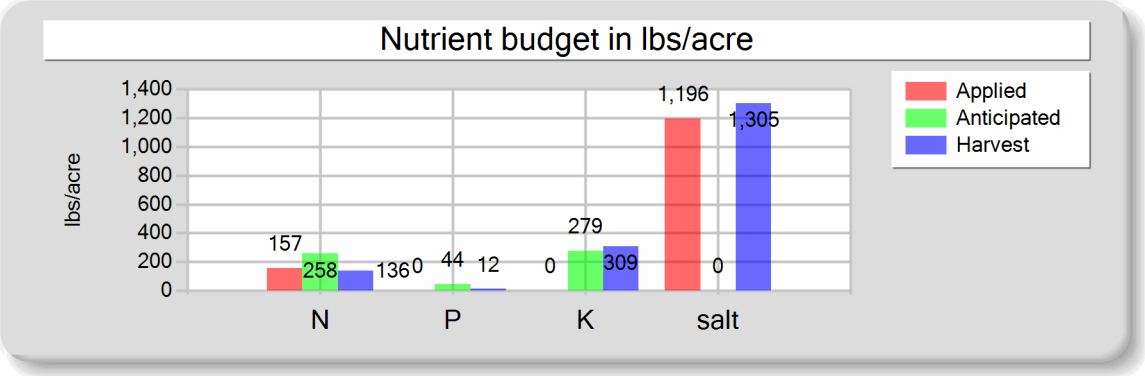

	Total N (lbs/acre)	Total P (lbs/acre)	Total K (lbs/acre)	Total salt (lbs/acre)
Existing soil nutrient content	0.00	0.00	0.00	0.00
Plowdown credit	0.00	0.00	0.00	0.00
Commercial fertilizer / Other	126.40	0.00	0.00	0.00
Dry manure	0.00	0.00	0.00	0.00
Process wastewater	0.00	0.00	0.00	0.00
Fresh water	16.97	0.00	0.00	1,195.58
Atmospheric deposition	14.00	0.00	0.00	0.00
Total nutrients applied	157.37	0.00	0.00	1,195.58
Anticipated crop nutrient removal	258.00	43.80	279.00	0.00
Actual crop nutrient removal	136.36	11.93	309.09	1,304.66
Nutrient balance	21.01	-11.93	-309.09	-109.07
Applied to removed ratio	1.15	0.00	0.00	0.92

Fresh water applied	
12,709,400.00	*gallons*
468.04	*acre-inches*
42.55	*inches/acre*

Process wastewater applied	
0.00	*gallons*
0.00	*acre-inches*
0.00	*inches/acre*

Total harvests for the crop	
1	*harvests*

Carter Field 7.a - 02/10/2018: Almond, in shell

Field name: Carter Field 7.a Crop: Almond, in shell Plant date: 02/10/2018

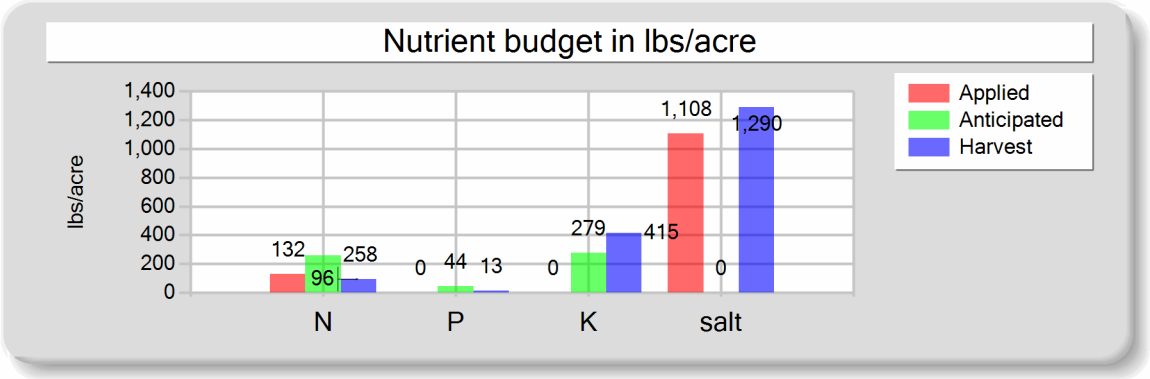

	Total N (lbs/acre)	Total P (lbs/acre)	Total K (lbs/acre)	Total salt (lbs/acre)
Existing soil nutrient content	0.00	0.00	0.00	0.00
Plowdown credit	0.00	0.00	0.00	0.00
Commercial fertilizer / Other	100.00	0.00	0.00	0.00
Dry manure	0.00	0.00	0.00	0.00
Process wastewater	0.00	0.00	0.00	0.00
Fresh water	17.56	0.00	0.00	1,108.19
Atmospheric deposition	14.00	0.00	0.00	0.00
Total nutrients applied	131.56	0.00	0.00	1,108.19
Anticipated crop nutrient removal	258.00	43.80	279.00	0.00
Actual crop nutrient removal	95.95	12.64	415.21	1,290.11
Nutrient balance	35.61	-12.64	-415.21	-181.92
Applied to removed ratio	1.37	0.00	0.00	0.86

Fresh water applied	
41,639,800.00	*gallons*
1,533.45	*acre-inches*
41.44	*inches/acre*

Process wastewater applied	
0.00	*gallons*
0.00	*acre-inches*
0.00	*inches/acre*

Total harvests for the crop	
1	*harvests*

Carter Field 7.b - 02/10/2018: Almond, in shell

Field name: Carter Field 7.b Crop: Almond, in shell Plant date: 02/10/2018

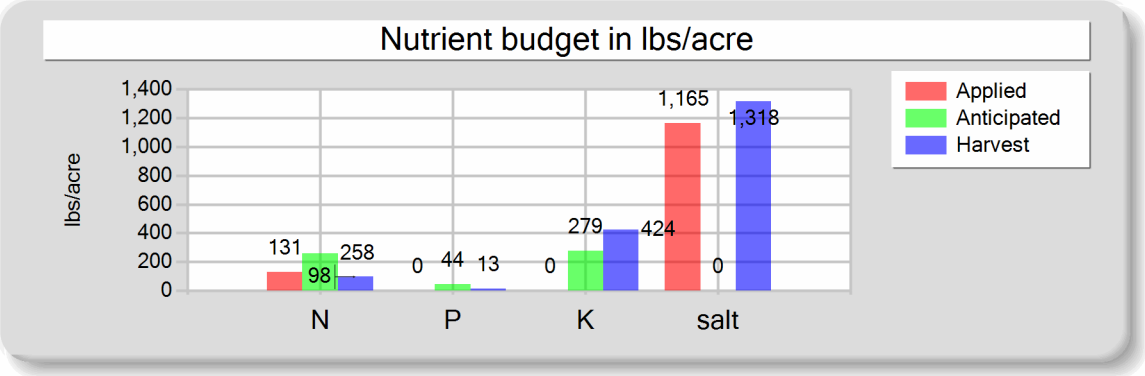

	Total N (lbs/acre)	Total P (lbs/acre)	Total K (lbs/acre)	Total salt (lbs/acre)
Existing soil nutrient content	0.00	0.00	0.00	0.00
Plowdown credit	0.00	0.00	0.00	0.00
Commercial fertilizer / Other	100.00	0.00	0.00	0.00
Dry manure	0.00	0.00	0.00	0.00
Process wastewater	0.00	0.00	0.00	0.00
Fresh water	16.53	0.00	0.00	1,164.75
Atmospheric deposition	14.00	0.00	0.00	0.00
Total nutrients applied	130.53	0.00	0.00	1,164.75
Anticipated crop nutrient removal	258.00	43.80	279.00	0.00
Actual crop nutrient removal	98.06	12.92	424.32	1,318.41
Nutrient balance	32.48	-12.92	-424.32	-153.66
Applied to removed ratio	1.33	0.00	0.00	0.88

Fresh water applied	
25,888,800.00	*gallons*
953.40	*acre-inches*
41.45	*inches/acre*

Process wastewater applied	
0.00	*gallons*
0.00	*acre-inches*
0.00	*inches/acre*

Total harvests for the crop	
1	*harvests*

Carter Field 7.c - 02/10/2018: Almond, in shell

Field name: Carter Field 7.c Crop: Almond, in shell Plant date: 02/10/2018

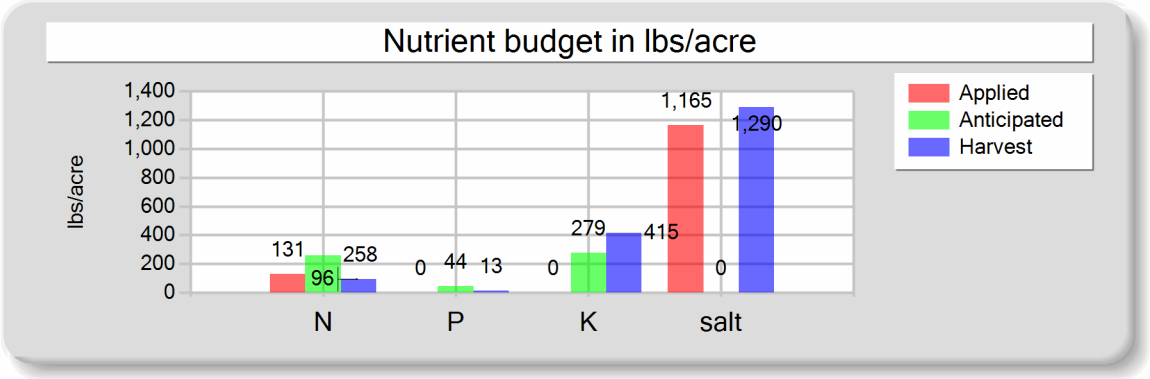

	Total N (lbs/acre)	Total P (lbs/acre)	Total K (lbs/acre)	Total salt (lbs/acre)
Existing soil nutrient content	0.00	0.00	0.00	0.00
Plowdown credit	0.00	0.00	0.00	0.00
Commercial fertilizer / Other	100.00	0.00	0.00	0.00
Dry manure	0.00	0.00	0.00	0.00
Process wastewater	0.00	0.00	0.00	0.00
Fresh water	16.53	0.00	0.00	1,164.75
Atmospheric deposition	14.00	0.00	0.00	0.00
Total nutrients applied	130.53	0.00	0.00	1,164.75
Anticipated crop nutrient removal	258.00	43.80	279.00	0.00
Actual crop nutrient removal	95.93	12.64	415.12	1,289.84
Nutrient balance	34.60	-12.64	-415.12	-125.09
Applied to removed ratio	1.36	0.00	0.00	0.90

Fresh water applied	
42,772,800.00	*gallons*
1,575.18	*acre-inches*
41.45	*inches/acre*

Process wastewater applied	
0.00	*gallons*
0.00	*acre-inches*
0.00	*inches/acre*

Total harvests for the crop	
1	*harvests*

Carter Pasture North - 01/01/2023: Pasture

Field name: Carter Pasture North Crop: Pasture Plant date: 01/01/2023

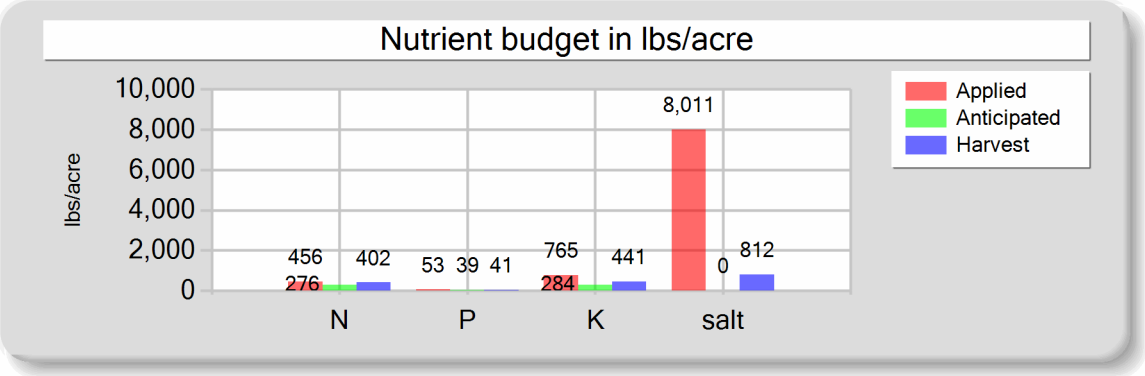

	Total N (lbs/acre)	Total P (lbs/acre)	Total K (lbs/acre)	Total salt (lbs/acre)
Existing soil nutrient content	0.00	0.00	0.00	0.00
Plowdown credit	0.00	0.00	0.00	0.00
Commercial fertilizer / Other	0.00	0.00	0.00	0.00
Dry manure	0.00	0.00	0.00	0.00
Process wastewater	425.10	53.02	764.63	6,839.11
Fresh water	16.63	0.00	0.00	1,171.89
Atmospheric deposition	14.00	0.00	0.00	0.00
Total nutrients applied	455.74	53.02	764.63	8,011.00
Anticipated crop nutrient removal	276.00	39.00	283.50	0.00
Actual crop nutrient removal	402.00	40.50	441.00	811.80
Nutrient balance	53.74	12.52	323.63	7,199.20
Applied to removed ratio	1.13	1.31	1.73	9.87

Fresh water applied	
22,650,000.00	*gallons*
834.12	*acre-inches*
41.71	*inches/acre*

Process wastewater applied	
2,337,000.00	*gallons*
86.06	*acre-inches*
4.30	*inches/acre*

Total harvests for the crop	
1	*harvests*

Carter Pasture South - 01/01/2023: Pasture

Field name: Carter Pasture South Crop: Pasture Plant date: 01/01/2023

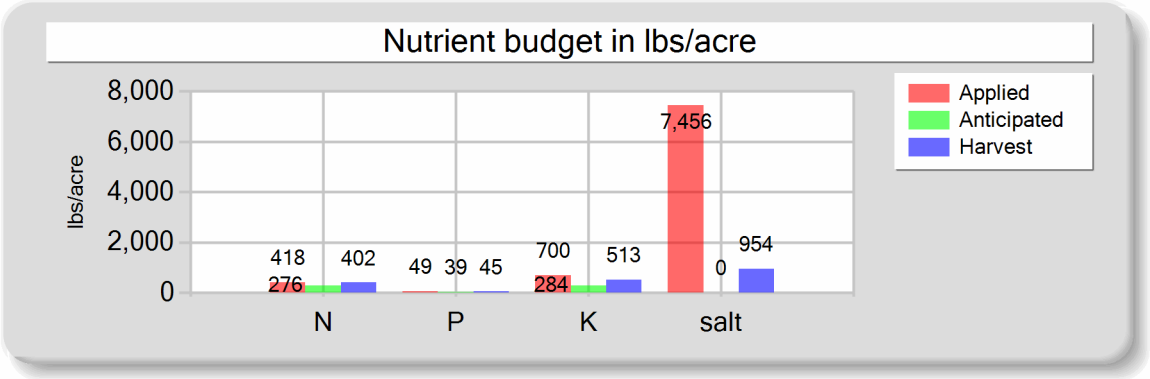

	Total N (lbs/acre)	Total P (lbs/acre)	Total K (lbs/acre)	Total salt (lbs/acre)
Existing soil nutrient content	0.00	0.00	0.00	0.00
Plowdown credit	0.00	0.00	0.00	0.00
Commercial fertilizer / Other	0.00	0.00	0.00	0.00
Dry manure	0.00	0.00	0.00	0.00
Process wastewater	386.50	49.28	700.01	6,240.72
Fresh water	17.24	0.00	0.00	1,214.87
Atmospheric deposition	14.00	0.00	0.00	0.00
Total nutrients applied	417.74	49.28	700.01	7,455.60
Anticipated crop nutrient removal	276.00	39.00	283.50	0.00
Actual crop nutrient removal	402.00	45.00	513.00	954.00
Nutrient balance	15.74	4.28	187.01	6,501.60
Applied to removed ratio	1.04	1.10	1.36	7.82

Fresh water applied	
15,262,500.00	*gallons*
562.07	*acre-inches*
43.24	*inches/acre*

Process wastewater applied	
1,396,500.00	*gallons*
51.43	*acre-inches*
3.96	*inches/acre*

Total harvests for the crop	
1	*harvests*

NUTRIENT ANALYSES

A. MANURE ANALYSES

2022 Corral Solids

Sample and source description: 2022 Corral Solids

Sample date: 09/12/2022 Material type: Corral solids Source of analysis: Lab analysis Method of reporting: Dry-weight

Moisture: 61.3 %

	Total N (mg/kg)	Total P (mg/kg)	Total K (mg/kg)	Calcium (mg/kg)	Magnesium (mg/kg)	Sodium (mg/kg)	Sulfur (mg/kg)	Chloride (mg/kg)	Total salt (mg/kg)	TFS (%)
Value	29,500.00	11,500.00	45,900.00	14,700.00	10,500.00	5,900.00	8,500.00	1,180.00		23.70
DL	100.00	100.00	100.00	100.00	100.00	100.00	100.00	100.00		0.01

2022 Corral Solids Carter

Sample and source description: 2022 Corral Solids Carter

Sample date: 09/12/2022 Material type: Corral solids Source of analysis: Lab analysis Method of reporting: Dry-weight

Moisture: 58.8 %

	Total N (mg/kg)	Total P (mg/kg)	Total K (mg/kg)	Calcium (mg/kg)	Magnesium (mg/kg)	Sodium (mg/kg)	Sulfur (mg/kg)	Chloride (mg/kg)	Total salt (mg/kg)	TFS (%)
Value	29,800.00	9,800.00	49,300.00	12,100.00	7,800.00	6,700.00	7,200.00	1,080.00		26.00
DL	100.00	100.00	100.00	100.00	100.00	100.00	100.00	100.00		0.01

2022 Separated Solids Main

Sample and source description: 2022 Separated Solids Main

Sample date: 09/12/2022 Material type: Separator solids Source of analysis: Lab analysis Method of reporting: Dry-weight

Moisture: 76.5 %

	Total N (mg/kg)	Total P (mg/kg)	Total K (mg/kg)	Calcium (mg/kg)	Magnesium (mg/kg)	Sodium (mg/kg)	Sulfur (mg/kg)	Chloride (mg/kg)	Total salt (mg/kg)	TFS (%)
Value	22,100.00	5,100.00	7,500.00							15.70
DL	100.00	100.00	100.00							0.01

2022 Settling Basin Carter

Sample and source description: 2022 Settling Basin Carter

Sample date: 09/12/2022 Material type: Separator solids Source of analysis: Lab analysis Method of reporting: Dry-weight

Moisture: 9.3 %

	Total N (mg/kg)	Total P (mg/kg)	Total K (mg/kg)	Calcium (mg/kg)	Magnesium (mg/kg)	Sodium (mg/kg)	Sulfur (mg/kg)	Chloride (mg/kg)	Total salt (mg/kg)	TFS (%)
Value	24,000.00	10,500.00	53,800.00							42.50
DL	100.00	100.00	100.00							0.01

Spring Corral Solids

Sample and source description: Spring Corral Solids

Sample date: 04/17/2023 Material type: Corral solids Source of analysis: Lab analysis Method of reporting: Dry-weight

Moisture: 33.1 %

	Total N (mg/kg)	Total P (mg/kg)	Total K (mg/kg)	Calcium (mg/kg)	Magnesium (mg/kg)	Sodium (mg/kg)	Sulfur (mg/kg)	Chloride (mg/kg)	Total salt (mg/kg)	TFS (%)
Value	13,200.00	5,400.00	40,700.00	29,200.00	11,500.00	2,100.00	6,500.00	2,450.00		70.00
DL	100.00	100.00	100.00	100.00	100.00	100.00	100.00	100.00		0.01

Spring Corral Solids Carter

Sample and source description: Spring Corral Solids Carter

Sample date: 04/17/2023 Material type: Corral solids Source of analysis: Lab analysis Method of reporting: Dry-weight

Moisture: 29.6 %

	Total N (mg/kg)	Total P (mg/kg)	Total K (mg/kg)	Calcium (mg/kg)	Magnesium (mg/kg)	Sodium (mg/kg)	Sulfur (mg/kg)	Chloride (mg/kg)	Total salt (mg/kg)	TFS (%)
Value	14,000.00	6,200.00	30,800.00	15,300.00	6,200.00	5,300.00	4,600.00	2,060.00		70.00
DL	100.00	100.00	100.00	100.00	100.00	100.00	100.00	100.00		0.01

Spring Separated Solids Main

Sample and source description: Spring Separated Solids Main

Sample date: 04/17/2023 Material type: Separator solids Source of analysis: Lab analysis Method of reporting: Dry-weight

Moisture: 69.6 %

	Total N (mg/kg)	Total P (mg/kg)	Total K (mg/kg)	Calcium (mg/kg)	Magnesium (mg/kg)	Sodium (mg/kg)	Sulfur (mg/kg)	Chloride (mg/kg)	Total salt (mg/kg)	TFS (%)
Value	17,100.00	5,200.00	13,600.00							17.90
DL	100.00	100.00	100.00							0.01

Fall Corral Solids Carter Ranch

Sample and source description: Fall Corral Solids Carter Ranch

Sample date: 10/09/2023 Material type: Corral solids Source of analysis: Lab analysis Method of reporting: Dry-weight

Moisture: 57.6 %

	Total N (mg/kg)	Total P (mg/kg)	Total K (mg/kg)	Calcium (mg/kg)	Magnesium (mg/kg)	Sodium (mg/kg)	Sulfur (mg/kg)	Chloride (mg/kg)	Total salt (mg/kg)	TFS (%)
Value	22,700.00	8,200.00	39,600.00							29.10
DL	100.00	100.00	100.00							0.01

Fall Corral Solids Dairy

Sample and source description: Fall Corral Solids Dairy

Sample date: 10/09/2023 Material type: Corral solids Source of analysis: Lab analysis Method of reporting: Dry-weight

Moisture: 56.3 %

	Total N (mg/kg)	Total P (mg/kg)	Total K (mg/kg)	Calcium (mg/kg)	Magnesium (mg/kg)	Sodium (mg/kg)	Sulfur (mg/kg)	Chloride (mg/kg)	Total salt (mg/kg)	TFS (%)
Value	18,700.00	10,600.00	33,800.00							26.80
DL	100.00	100.00	100.00							0.01

Fall Separated Solids Dairy

Sample and source description: Fall Separated Solids Dairy

Sample date: 10/09/2023 Material type: Separator solids Source of analysis: Lab analysis Method of reporting: Dry-weight

Moisture: 73.5 %

	Total N (mg/kg)	Total P (mg/kg)	Total K (mg/kg)	Calcium (mg/kg)	Magnesium (mg/kg)	Sodium (mg/kg)	Sulfur (mg/kg)	Chloride (mg/kg)	Total salt (mg/kg)	TFS (%)
Value	18,900.00	2,900.00	4,900.00							9.55
DL	100.00	100.00	100.00							0.01

Fall Settling Basin Carter Ranch

Sample and source description: Fall Settling Basin Carter Ranch

Sample date: 10/09/2023 Material type: Separator solids Source of analysis: Lab analysis Method of reporting: Dry-weight

Moisture: 46.7 %

	Total N (mg/kg)	Total P (mg/kg)	Total K (mg/kg)	Calcium (mg/kg)	Magnesium (mg/kg)	Sodium (mg/kg)	Sulfur (mg/kg)	Chloride (mg/kg)	Total salt (mg/kg)	TFS (%)
Value	16,100.00	6,700.00	29,200.00							54.30
DL	100.00	100.00	100.00							0.01

B. PROCESS WASTEWATER ANALYSES

WWSQ1 Carter

Sample and source description: WWSQ1 Carter

Sample date: 02/21/2023 Material type: Process wastewater Source of analysis: Lab analysis pH:

	Kjeldahl-N (mg/L)	NH4-N (mg/L)	NH3-N (mg/L)	Nitrate-N (mg/L)	Total P (mg/L)	Total K (mg/L)	Calcium (mg/L)	Magnes. (mg/L)	Sodium (mg/L)	Bicarb. (mg/L)	Carb. (mg/L)	Sulfate (mg/L)	Chloride (mg/L)	EC (µmhos/cm)	TDS (mg/L)
Value	448.00	146.00	0.00	0.00	78.20	881.00	104.00	60.30	175.00	2,100.00	0.00	406.00	364.00	6,660.00	5,680
DL	0.50	0.50	0.50	0.50	0.50	0.50	0.50	0.50	0.50	0.50	0.50	0.50	0.50	1.00	10

WWSQ1 Main

Sample and source description: WWSQ1 Main

Sample date: 02/21/2023 Material type: Process wastewater Source of analysis: Lab analysis pH:

	Kjeldahl-N (mg/L)	NH4-N (mg/L)	NH3-N (mg/L)	Nitrate-N (mg/L)	Total P (mg/L)	Total K (mg/L)	Calcium (mg/L)	Magnes. (mg/L)	Sodium (mg/L)	Bicarb. (mg/L)	Carb. (mg/L)	Sulfate (mg/L)	Chloride (mg/L)	EC (µmhos/cm)	TDS (mg/L)
Value	689.00	364.00	0.00	0.00	54.20	427.00	153.00	90.80	127.00	2,600.00	0.00	405.00	399.00	6,480.00	4,080
DL	0.50	0.50	0.50	0.50	0.50	0.50	0.50	0.50	0.50	0.50	0.50	0.50	0.50	1.00	10

WWSQ2 Carter

Sample and source description: WWSQ2 Carter

Sample date: 04/10/2023 Material type: Process wastewater Source of analysis: Lab analysis pH:

	Kjeldahl-N (mg/L)	NH4-N (mg/L)	NH3-N (mg/L)	Nitrate-N (mg/L)	Total P (mg/L)	Total K (mg/L)	Calcium (mg/L)	Magnes. (mg/L)	Sodium (mg/L)	Bicarb. (mg/L)	Carb. (mg/L)	Sulfate (mg/L)	Chloride (mg/L)	EC (µmhos/cm)	TDS (mg/L)
Value	302.00	182.00	0.00	0.00	29.60	548.00								6,140.00	7,960
DL	0.50	0.50	0.50	0.50	0.50	0.50								1.00	10

WWSQ2 Main

Sample and source description: WWSQ2 Main

Sample date: 04/10/2023 Material type: Process wastewater Source of analysis: Lab analysis pH:

	Kjeldahl-N (mg/L)	NH4-N (mg/L)	NH3-N (mg/L)	Nitrate-N (mg/L)	Total P (mg/L)	Total K (mg/L)	Calcium (mg/L)	Magnes. (mg/L)	Sodium (mg/L)	Bicarb. (mg/L)	Carb. (mg/L)	Sulfate (mg/L)	Chloride (mg/L)	EC (µmhos/cm)	TDS (mg/L)
Value	706.00	412.00	0.00	0.00	81.80	548.00								6,960.00	4,800
DL	0.50	0.50	0.50	0.50	0.50	0.50								1.00	10

WWSQ3 Carter

Sample and source description: WWSQ3 Carter

Sample date: 07/26/2023 Material type: Process wastewater Source of analysis: Lab analysis pH:

	Kjeldahl-N (mg/L)	NH4-N (mg/L)	NH3-N (mg/L)	Nitrate-N (mg/L)	Total P (mg/L)	Total K (mg/L)	Calcium (mg/L)	Magnes. (mg/L)	Sodium (mg/L)	Bicarb. (mg/L)	Carb. (mg/L)	Sulfate (mg/L)	Chloride (mg/L)	EC (µmhos/cm)	TDS (mg/L)
Value	554.00	426.00	0.00	0.00	62.70	945.00								8,540.00	6,960
DL	0.50	0.50	0.50	0.50	0.50	0.50								1.00	10

WWSQ3 Main

Sample and source description: WWSQ3 Main

Sample date: 07/26/2023 Material type: Process wastewater Source of analysis: Lab analysis pH:

	Kjeldahl-N (mg/L)	NH4-N (mg/L)	NH3-N (mg/L)	Nitrate-N (mg/L)	Total P (mg/L)	Total K (mg/L)	Calcium (mg/L)	Magnes. (mg/L)	Sodium (mg/L)	Bicarb. (mg/L)	Carb. (mg/L)	Sulfate (mg/L)	Chloride (mg/L)	EC (µmhos/cm)	TDS (mg/L)
Value	358.00	277.00	0.00	0.00	56.30	445.00								4,840.00	3,400
DL	0.50	0.50	0.50	0.50	0.50	0.50								1.00	10

WWSQ4 Carter

Sample and source description: WWSQ4 Carter

Sample date: 10/30/2023 Material type: Process wastewater Source of analysis: Lab analysis pH:

	Kjeldahl-N (mg/L)	NH4-N (mg/L)	NH3-N (mg/L)	Nitrate-N (mg/L)	Total P (mg/L)	Total K (mg/L)	Calcium (mg/L)	Magnes. (mg/L)	Sodium (mg/L)	Bicarb. (mg/L)	Carb. (mg/L)	Sulfate (mg/L)	Chloride (mg/L)	EC (µmhos/cm)	TDS (mg/L)
Value	442.00	294.00	0.00	0.00	66.20	555.00								5,320.00	4,800
DL	0.50	0.50	0.50	0.50	0.50	0.50								1.00	10

WWSQ4 Main

Sample and source description: WWSQ4 Main

Sample date: 10/30/2023 Material type: Process wastewater Source of analysis: Lab analysis pH:

	Kjeldahl-N (mg/L)	NH4-N (mg/L)	NH3-N (mg/L)	Nitrate-N (mg/L)	Total P (mg/L)	Total K (mg/L)	Calcium (mg/L)	Magnes. (mg/L)	Sodium (mg/L)	Bicarb. (mg/L)	Carb. (mg/L)	Sulfate (mg/L)	Chloride (mg/L)	EC (µmhos/cm)	TDS (mg/L)
Value	591.00	322.00	0.00	0.00	90.60	565.00								5,370.00	3,200
DL	0.50	0.50	0.50	0.50	0.50	0.50								1.00	10

C. FRESH WATER ANALYSES

Canal

Canal

2022 CSJWC

Sample description: 2022 CSJWC

Sample date: 08/11/2022 Source of analysis: Lab analysis

	Total N (mg/L)	NH4-N (mg/L)	Nitrate-N (mg/L)	Calcium (mg/L)	Magnesium (mg/L)	Sodium (mg/L)	Bicarbonate (mg/L)	Carbonate (mg/L)	Sulfate (mg/L)	Chloride (mg/L)	EC (µmhos/cm)	TDS (mg/L)
Value	2.80	0.00	0.00								0.00	50
DL	0.50	0.50	0.50								1.00	10

Canal

Sample description: Canal

Sample date: 10/25/2023 Source of analysis: Lab analysis

	Total N (mg/L)	NH4-N (mg/L)	Nitrate-N (mg/L)	Calcium (mg/L)	Magnesium (mg/L)	Sodium (mg/L)	Bicarbonate (mg/L)	Carbonate (mg/L)	Sulfate (mg/L)	Chloride (mg/L)	EC (µmhos/cm)	TDS (mg/L)
Value	0.00	0.00	0.00								62.10	46
DL	0.50	0.50	0.50								1.00	10

Irrigation Well

2022 IW 5 Fld 14

Sample description: 2022 IW 5 Fld 14

Sample date: 09/06/2022 Source of analysis: Lab analysis

	Total N (mg/L)	NH4-N (mg/L)	Nitrate-N (mg/L)	Calcium (mg/L)	Magnesium (mg/L)	Sodium (mg/L)	Bicarbonate (mg/L)	Carbonate (mg/L)	Sulfate (mg/L)	Chloride (mg/L)	EC (µmhos/cm)	TDS (mg/L)
Value	34.80	0.00	3.13								290.00	225
DL	0.50	0.50	0.50								1.00	10

Irrigation Well

IW Orchard 1 Carter

Sample description: IW Orchard 1 Carter

Sample date: 09/06/2022 Source of analysis: Lab analysis

	Total N (mg/L)	NH4-N (mg/L)	Nitrate-N (mg/L)	Calcium (mg/L)	Magnesium (mg/L)	Sodium (mg/L)	Bicarbonate (mg/L)	Carbonate (mg/L)	Sulfate (mg/L)	Chloride (mg/L)	EC (µmhos/cm)	TDS (mg/L)
Value	22.50	0.00	1.48								166.00	115
DL	0.50	0.50	0.50								1.00	10

IW Orchard 2 Carter

Sample description: IW Orchard 2 Carter

Sample date: 09/06/2022 Source of analysis: Lab analysis

	Total N (mg/L)	NH4-N (mg/L)	Nitrate-N (mg/L)	Calcium (mg/L)	Magnesium (mg/L)	Sodium (mg/L)	Bicarbonate (mg/L)	Carbonate (mg/L)	Sulfate (mg/L)	Chloride (mg/L)	EC (µmhos/cm)	TDS (mg/L)
Value	27.90	0.00	0.97								194.00	140
DL	0.50	0.50	0.50								1.00	10

IW 1 Old Lagoon

Sample description: IW 1 Old Lagoon

Sample date: 10/25/2023 Source of analysis: Lab analysis

	Total N (mg/L)	NH4-N (mg/L)	Nitrate-N (mg/L)	Calcium (mg/L)	Magnesium (mg/L)	Sodium (mg/L)	Bicarbonate (mg/L)	Carbonate (mg/L)	Sulfate (mg/L)	Chloride (mg/L)	EC (µmhos/cm)	TDS (mg/L)
Value	2.12	0.00	2.00								176.00	124
DL	0.50	0.50	0.50								1.00	10

Irrigation Well

IW 2

Sample description: IW 2

Sample date: 10/25/2023 Source of analysis: Lab analysis

	Total N (mg/L)	NH4-N (mg/L)	Nitrate-N (mg/L)	Calcium (mg/L)	Magnesium (mg/L)	Sodium (mg/L)	Bicarbonate (mg/L)	Carbonate (mg/L)	Sulfate (mg/L)	Chloride (mg/L)	EC (µmhos/cm)	TDS (mg/L)
Value	1.85	0.00	1.80								169.00	130
DL	0.50	0.50	0.50								1.00	10

IW 4

Sample description: IW 4

Sample date: 10/25/2023 Source of analysis: Lab analysis

	Total N (mg/L)	NH4-N (mg/L)	Nitrate-N (mg/L)	Calcium (mg/L)	Magnesium (mg/L)	Sodium (mg/L)	Bicarbonate (mg/L)	Carbonate (mg/L)	Sulfate (mg/L)	Chloride (mg/L)	EC (µmhos/cm)	TDS (mg/L)
Value	1.87	0.00	1.70								160.00	128
DL	0.50	0.50	0.50								1.00	10

IW 5

Sample description: IW 5

Sample date: 10/25/2023 Source of analysis: Lab analysis

	Total N (mg/L)	NH4-N (mg/L)	Nitrate-N (mg/L)	Calcium (mg/L)	Magnesium (mg/L)	Sodium (mg/L)	Bicarbonate (mg/L)	Carbonate (mg/L)	Sulfate (mg/L)	Chloride (mg/L)	EC (µmhos/cm)	TDS (mg/L)
Value	1.71	0.00	1.50								152.00	112
DL	0.50	0.50	0.50								1.00	10

Irrigation Well

IW 8

Sample description: IW 8

Sample date: 10/25/2023 Source of analysis: Lab analysis

	Total N (mg/L)	NH4-N (mg/L)	Nitrate-N (mg/L)	Calcium (mg/L)	Magnesium (mg/L)	Sodium (mg/L)	Bicarbonate (mg/L)	Carbonate (mg/L)	Sulfate (mg/L)	Chloride (mg/L)	EC (µmhos/cm)	TDS (mg/L)
Value	1.98	0.00	1.70								165.00	126
DL	0.50	0.50	0.50								1.00	10

IW Middle Carter

Sample description: IW Middle Carter

Sample date: 10/25/2023 Source of analysis: Lab analysis

	Total N (mg/L)	NH4-N (mg/L)	Nitrate-N (mg/L)	Calcium (mg/L)	Magnesium (mg/L)	Sodium (mg/L)	Bicarbonate (mg/L)	Carbonate (mg/L)	Sulfate (mg/L)	Chloride (mg/L)	EC (µmhos/cm)	TDS (mg/L)
Value	1.76	0.00	1.76								160.00	124
DL	0.50	0.50	0.50								1.00	10

IW Orchard 1 Carter

Sample description: IW Orchard 1 Carter

Sample date: 10/25/2023 Source of analysis: Lab analysis

	Total N (mg/L)	NH4-N (mg/L)	Nitrate-N (mg/L)	Calcium (mg/L)	Magnesium (mg/L)	Sodium (mg/L)	Bicarbonate (mg/L)	Carbonate (mg/L)	Sulfate (mg/L)	Chloride (mg/L)	EC (µmhos/cm)	TDS (mg/L)
Value	1.79	0.00	1.70								161.00	120
DL	0.50	0.50	0.50								1.00	10

Irrigation Well

IW Orchard 2 Carter

Sample description: IW Orchard 2 Carter

Sample date: 10/25/2023 Source of analysis: Lab analysis

	Total N (mg/L)	NH4-N (mg/L)	Nitrate-N (mg/L)	Calcium (mg/L)	Magnesium (mg/L)	Sodium (mg/L)	Bicarbonate (mg/L)	Carbonate (mg/L)	Sulfate (mg/L)	Chloride (mg/L)	EC (µmhos/cm)	TDS (mg/L)
Value	1.87	0.00	1.50								152.00	118
DL	0.50	0.50	0.50								1.00	10

D. SOIL ANALYSES

1

Soil

Sample and source description: Soil

Sample date: 11/15/2023 Source of analysis: Lab analysis

	Nitrate-N (mg/kg)	Total P (mg/kg)	Soluble P (mg/kg)	K (mg/kg)	EC (µmhos/cm)	Organic matter (%)	Total salt (mg/kg)
Value			119.00				
DL			4.00				

10

Soil

Sample and source description: Soil

Sample date: 11/15/2023 Source of analysis: Lab analysis

	Nitrate-N (mg/kg)	Total P (mg/kg)	Soluble P (mg/kg)	K (mg/kg)	EC (µmhos/cm)	Organic matter (%)	Total salt (mg/kg)
Value			100.00				
DL			4.00				

11

11

Soil

Sample and source description: Soil

Sample date: 11/15/2023 Source of analysis: Lab analysis

	Nitrate-N (mg/kg)	Total P (mg/kg)	Soluble P (mg/kg)	K (mg/kg)	EC (µmhos/cm)	Organic matter (%)	Total salt (mg/kg)
Value			71.00				
DL			4.00				

12

Soil

Sample and source description: Soil

Sample date: 11/15/2023 Source of analysis: Lab analysis

	Nitrate-N (mg/kg)	Total P (mg/kg)	Soluble P (mg/kg)	K (mg/kg)	EC (µmhos/cm)	Organic matter (%)	Total salt (mg/kg)
Value			45.00				
DL			4.00				

Soil

Sample and source description: Soil

Sample date: 11/15/2023 Source of analysis: Lab analysis

	Nitrate-N (mg/kg)	Total P (mg/kg)	Soluble P (mg/kg)	K (mg/kg)	EC (µmhos/cm)	Organic matter (%)	Total salt (mg/kg)
Value			41.00				
DL			4.00				

14

14

Soil

Sample and source description: Soil

Sample date: 11/15/2023 Source of analysis: Lab analysis

	Nitrate-N (mg/kg)	Total P (mg/kg)	Soluble P (mg/kg)	K (mg/kg)	EC (µmhos/cm)	Organic matter (%)	Total salt (mg/kg)
Value			33.00				
DL			4.00				

15

Soil

Sample and source description: Soil

Sample date: 11/15/2023 Source of analysis: Lab analysis

	Nitrate-N (mg/kg)	Total P (mg/kg)	Soluble P (mg/kg)	K (mg/kg)	EC (µmhos/cm)	Organic matter (%)	Total salt (mg/kg)
Value			34.00				
DL			4.00				

3

Soil

Sample and source description: Soil

Sample date: 11/15/2023 Source of analysis: Lab analysis

	Nitrate-N (mg/kg)	Total P (mg/kg)	Soluble P (mg/kg)	K (mg/kg)	EC (µmhos/cm)	Organic matter (%)	Total salt (mg/kg)
Value			119.00				
DL			4.00				

4

4

Soil

Sample and source description: Soil

Sample date: 11/15/2023 Source of analysis: Lab analysis

	Nitrate-N (mg/kg)	Total P (mg/kg)	Soluble P (mg/kg)	K (mg/kg)	EC (µmhos/cm)	Organic matter (%)	Total salt (mg/kg)
Value			115.00				
DL			4.00				

5

Soil

Sample and source description: Soil

Sample date: 11/15/2023 Source of analysis: Lab analysis

	Nitrate-N (mg/kg)	Total P (mg/kg)	Soluble P (mg/kg)	K (mg/kg)	EC (µmhos/cm)	Organic matter (%)	Total salt (mg/kg)
Value			112.00				
DL			4.00				

6

Soil

Sample and source description: Soil

Sample date: 11/15/2023 Source of analysis: Lab analysis

	Nitrate-N (mg/kg)	Total P (mg/kg)	Soluble P (mg/kg)	K (mg/kg)	EC (µmhos/cm)	Organic matter (%)	Total salt (mg/kg)
Value			90.00				
DL			4.00				

7

7

Soil

Sample and source description: Soil

Sample date: 11/15/2023 Source of analysis: Lab analysis

	Nitrate-N (mg/kg)	Total P (mg/kg)	Soluble P (mg/kg)	K (mg/kg)	EC (µmhos/cm)	Organic matter (%)	Total salt (mg/kg)
Value			110.00				
DL			4.00				

8

Soil

Sample and source description: Soil

Sample date: 11/15/2023 Source of analysis: Lab analysis

	Nitrate-N (mg/kg)	Total P (mg/kg)	Soluble P (mg/kg)	K (mg/kg)	EC (µmhos/cm)	Organic matter (%)	Total salt (mg/kg)
Value			90.00				
DL			4.00				

9

Soil

Sample and source description: Soil

Sample date: 11/15/2023 Source of analysis: Lab analysis

	Nitrate-N (mg/kg)	Total P (mg/kg)	Soluble P (mg/kg)	K (mg/kg)	EC (µmhos/cm)	Organic matter (%)	Total salt (mg/kg)
Value			106.00				
DL			4.00				

Carter Field 1

Carter Field 1

Soil

Sample and source description: Soil

Sample date: 12/05/2023 Source of analysis: Lab analysis

	Nitrate-N (mg/kg)	Total P (mg/kg)	Soluble P (mg/kg)	K (mg/kg)	EC (µmhos/cm)	Organic matter (%)	Total salt (mg/kg)
Value			14.00				
DL			4.00				

Carter Field 2

Soil

Sample and source description: Soil

Sample date: 12/05/2023 Source of analysis: Lab analysis

	Nitrate-N (mg/kg)	Total P (mg/kg)	Soluble P (mg/kg)	K (mg/kg)	EC (µmhos/cm)	Organic matter (%)	Total salt (mg/kg)
Value			7.00				
DL			4.00				

Carter Field 22

Soil

Sample and source description: Soil

Sample date: 12/05/2023 Source of analysis: Lab analysis

	Nitrate-N (mg/kg)	Total P (mg/kg)	Soluble P (mg/kg)	K (mg/kg)	EC (µmhos/cm)	Organic matter (%)	Total salt (mg/kg)
Value			16.00				
DL			4.00				

Carter Field 3

Carter Field 3

Soil

Sample and source description: Soil

Sample date: 12/05/2023 Source of analysis: Lab analysis

	Nitrate-N (mg/kg)	Total P (mg/kg)	Soluble P (mg/kg)	K (mg/kg)	EC (µmhos/cm)	Organic matter (%)	Total salt (mg/kg)
Value			8.00				
DL			4.00				

Carter Field 4

Soil

Sample and source description: Soil

Sample date: 12/05/2023 Source of analysis: Lab analysis

	Nitrate-N (mg/kg)	Total P (mg/kg)	Soluble P (mg/kg)	K (mg/kg)	EC (µmhos/cm)	Organic matter (%)	Total salt (mg/kg)
Value			52.00				
DL			4.00				

Carter Field 6.a

Soil

Sample and source description: Soil

Sample date: 12/05/2023 Source of analysis: Lab analysis

	Nitrate-N (mg/kg)	Total P (mg/kg)	Soluble P (mg/kg)	K (mg/kg)	EC (µmhos/cm)	Organic matter (%)	Total salt (mg/kg)
Value			29.00				
DL			4.00				

Carter Field 6.b

Carter Field 6.b

Soil

Sample and source description: Soil

Sample date: 12/05/2023 Source of analysis: Lab analysis

	Nitrate-N (mg/kg)	Total P (mg/kg)	Soluble P (mg/kg)	K (mg/kg)	EC (µmhos/cm)	Organic matter (%)	Total salt (mg/kg)
Value			72.00				
DL			4.00				

Carter Field 6.c

Soil

Sample and source description: Soil

Sample date: 12/05/2023 Source of analysis: Lab analysis

	Nitrate-N (mg/kg)	Total P (mg/kg)	Soluble P (mg/kg)	K (mg/kg)	EC (µmhos/cm)	Organic matter (%)	Total salt (mg/kg)
Value			72.00				
DL			4.00				

Carter Field 7.a

Soil

Sample and source description: Soil

Sample date: 12/05/2023 Source of analysis: Lab analysis

	Nitrate-N (mg/kg)	Total P (mg/kg)	Soluble P (mg/kg)	K (mg/kg)	EC (µmhos/cm)	Organic matter (%)	Total salt (mg/kg)
Value			39.00				
DL			4.00				

Carter Field 7.b

Carter Field 7.b

Soil

Sample and source description: Soil

Sample date: 12/05/2023 Source of analysis: Lab analysis

	Nitrate-N (mg/kg)	Total P (mg/kg)	Soluble P (mg/kg)	K (mg/kg)	EC (µmhos/cm)	Organic matter (%)	Total salt (mg/kg)
Value			29.00				
DL			4.00				

Carter Field 7.c

Soil

Sample and source description: Soil

Sample date: 12/05/2023 Source of analysis: Lab analysis

	Nitrate-N (mg/kg)	Total P (mg/kg)	Soluble P (mg/kg)	K (mg/kg)	EC (µmhos/cm)	Organic matter (%)	Total salt (mg/kg)
Value			48.00				
DL			4.00				

Carter Pasture North

Soil

Sample and source description: Soil

Sample date: 12/05/2023 Source of analysis: Lab analysis

	Nitrate-N (mg/kg)	Total P (mg/kg)	Soluble P (mg/kg)	K (mg/kg)	EC (µmhos/cm)	Organic matter (%)	Total salt (mg/kg)
Value			37.00				
DL			4.00				

Carter Pasture South

Carter Pasture South

Soil

Sample and source description: Soil

Sample date: 12/05/2023 Source of analysis: Lab analysis

	Nitrate-N (mg/kg)	Total P (mg/kg)	Soluble P (mg/kg)	K (mg/kg)	EC (µmhos/cm)	Organic matter (%)	Total salt (mg/kg)
Value			37.00				
DL			4.00				

E. PLANT TISSUE ANALYSES

1 - 10/27/2022: Oats, silage-soft dough

Winter Forage

Sample and source description: Winter Forage

Sample date: 05/22/2023 Source of analysis: Lab analysis Method of reporting: As-is

Moisture: 56.2 %

	Total N (mg/kg)	Total P (mg/kg)	Total K (mg/kg)	Total salt (mg/kg)	TFS (%)
Value	5,800.00	1,200.00	9,400.00		6.80
DL	100.00	100.00	100.00		0.01

1 - 06/20/2023: Corn, silage

Corn Silage

Sample and source description: Corn Silage

Sample date: 10/16/2023 Source of analysis: Lab analysis Method of reporting: As-is

Moisture: 70.0 %

	Total N (mg/kg)	Total P (mg/kg)	Total K (mg/kg)	Total salt (mg/kg)	TFS (%)
Value	3,600.00	600.00	4,600.00		5.80
DL	100.00	100.00	100.00		0.01

10 - 10/30/2022: Oats, silage-soft dough

Winter Forage

Sample and source description: Winter Forage

Sample date: 05/22/2023 Source of analysis: Lab analysis Method of reporting: As-is

Moisture: 74.2 %

	Total N (mg/kg)	Total P (mg/kg)	Total K (mg/kg)	Total salt (mg/kg)	TFS (%)
Value	4,400.00	1,200.00	9,200.00		10.70
DL	100.00	100.00	100.00		0.01

10 - 06/21/2023: Corn, silage

Corn Silage

Sample and source description: Corn Silage

Sample date: 10/23/2023 Source of analysis: Lab analysis Method of reporting: As-is

Moisture: 67.6 %

	Total N (mg/kg)	Total P (mg/kg)	Total K (mg/kg)	Total salt (mg/kg)	TFS (%)
Value	3,000.00	1,100.00	4,200.00		4.90
DL	100.00	100.00	100.00		0.01

11 - 10/30/2022: Oats, silage-soft dough

Winter Forage

Sample and source description: Winter Forage

Sample date: 05/22/2023 Source of analysis: Lab analysis Method of reporting: As-is

Moisture: 67.4 %

	Total N (mg/kg)	Total P (mg/kg)	Total K (mg/kg)	Total salt (mg/kg)	TFS (%)
Value	6,000.00	1,100.00	11,300.00		9.80
DL	100.00	10.00	100.00		0.01

11 - 06/21/2023: Corn, silage

Corn Silage

Sample and source description: Corn Silage

Sample date: 10/23/2023 Source of analysis: Lab analysis Method of reporting: As-is

Moisture: 68.0 %

	Total N (mg/kg)	Total P (mg/kg)	Total K (mg/kg)	Total salt (mg/kg)	TFS (%)
Value	3,300.00	700.00	4,200.00		5.90
DL	100.00	100.00	100.00		0.01

12 - 02/10/2017: Almond, in shell

Almonds

Sample and source description: Almonds

Sample date: 12/15/2023 Source of analysis: Lab analysis Method of reporting: As-is

Moisture: 13.8 %

	Total N (mg/kg)	Total P (mg/kg)	Total K (mg/kg)	Total salt (mg/kg)	TFS (%)
Value	8,600.00	1,200.00	30,700.00		8.48
DL	100.00	100.00	100.00		0.01

13 - 02/10/2017: Almond, in shell

Almonds

Sample and source description: Almonds

Sample date: 12/15/2023 Source of analysis: Lab analysis Method of reporting: As-is

Moisture: 10.8 %

	Total N (mg/kg)	Total P (mg/kg)	Total K (mg/kg)	Total salt (mg/kg)	TFS (%)
Value	10,100.00	700.00	16,700.00		9.16
DL	100.00	100.00	100.00		0.01

14 - 02/09/2017: Almond, in shell

Almonds

Sample and source description: Almonds

Sample date: 12/15/2023 Source of analysis: Lab analysis Method of reporting: As-is

Moisture: 10.6 %

	Total N (mg/kg)	Total P (mg/kg)	Total K (mg/kg)	Total salt (mg/kg)	TFS (%)
Value	10,700.00	1,100.00	23,300.00		13.10
DL	100.00	100.00	100.00		0.01

15 - 02/11/2017: Almond, in shell

Almonds

Sample and source description: Almonds

Sample date: 12/15/2023 Source of analysis: Lab analysis Method of reporting: As-is

Moisture: 9.4 %

	Total N (mg/kg)	Total P (mg/kg)	Total K (mg/kg)	Total salt (mg/kg)	TFS (%)
Value	12,900.00	2,400.00	45,500.00		13.60
DL	100.00	100.00	100.00		0.01

3 - 10/27/2022: Oats, silage-soft dough

Winter Forage

Sample and source description: Winter Forage

Sample date: 05/22/2023 Source of analysis: Lab analysis Method of reporting: As-is

Moisture: 68.8 %

	Total N (mg/kg)	Total P (mg/kg)	Total K (mg/kg)	Total salt (mg/kg)	TFS (%)
Value	5,700.00	1,100.00	11,600.00		10.10
DL	100.00	100.00	100.00		0.01

3 - 06/20/2023: Corn, silage

Corn Silage

Sample and source description: Corn Silage

Sample date: 10/16/2023 Source of analysis: Lab analysis Method of reporting: As-is

Moisture: 70.0 %

	Total N (mg/kg)	Total P (mg/kg)	Total K (mg/kg)	Total salt (mg/kg)	TFS (%)
Value	3,700.00	500.00	5,100.00		6.90
DL	100.00	100.00	100.00		0.01

4 - 10/28/2022: Oats, silage-soft dough

Winter Forage

Sample and source description: Winter Forage

Sample date: 05/22/2023 Source of analysis: Lab analysis Method of reporting: As-is

Moisture: 63.6 %

	Total N (mg/kg)	Total P (mg/kg)	Total K (mg/kg)	Total salt (mg/kg)	TFS (%)
Value	5,300.00	1,200.00	13,400.00		10.30
DL	100.00	100.00	100.00		0.01

4 - 06/22/2023: Corn, silage

Corn Silage

Sample and source description: Corn Silage

Sample date: 10/16/2023 Source of analysis: Lab analysis Method of reporting: As-is

Moisture: 70.0 %

	Total N (mg/kg)	Total P (mg/kg)	Total K (mg/kg)	Total salt (mg/kg)	TFS (%)
Value	3,500.00	700.00	4,800.00		7.70
DL	100.00	100.00	100.00		0.01

5 - 10/28/2022: Oats, silage-soft dough

Winter Forage

Sample and source description: Winter Forage

Sample date: 05/22/2023 Source of analysis: Lab analysis Method of reporting: As-is

Moisture: 66.4 %

	Total N (mg/kg)	Total P (mg/kg)	Total K (mg/kg)	Total salt (mg/kg)	TFS (%)
Value	6,300.00	1,100.00	11,600.00		10.00
DL	100.00	100.00	100.00		0.01

5 - 06/22/2023: Corn, silage

Corn Silage

Sample and source description: Corn Silage

Sample date: 10/16/2023 Source of analysis: Lab analysis Method of reporting: As-is

Moisture: 70.0 %

	Total N (mg/kg)	Total P (mg/kg)	Total K (mg/kg)	Total salt (mg/kg)	TFS (%)
Value	3,800.00	700.00	4,300.00		7.30
DL	100.00	100.00	100.00		0.01

6 - 10/26/2022: Oats, silage-soft dough

Winter Forage

Sample and source description: Winter Forage

Sample date: 05/22/2023 Source of analysis: Lab analysis Method of reporting: As-is

Moisture: 72.0 %

	Total N (mg/kg)	Total P (mg/kg)	Total K (mg/kg)	Total salt (mg/kg)	TFS (%)
Value	3,100.00	700.00	7,300.00		9.90
DL	100.00	100.00	100.00		0.01

6 - 06/23/2023: Corn, silage

Corn Silage

Sample and source description: Corn Silage

Sample date: 10/23/2023 Source of analysis: Lab analysis Method of reporting: As-is

Moisture: 66.8 %

	Total N (mg/kg)	Total P (mg/kg)	Total K (mg/kg)	Total salt (mg/kg)	TFS (%)
Value	3,200.00	500.00	3,700.00		6.20
DL	1,000.00	100.00	100.00		0.01

7 - 10/26/2022: Oats, silage-soft dough

Winter Forage

Sample and source description: Winter Forage

Sample date: 05/22/2023 Source of analysis: Lab analysis Method of reporting: As-is

Moisture: 58.8 %

	Total N (mg/kg)	Total P (mg/kg)	Total K (mg/kg)	Total salt (mg/kg)	TFS (%)
Value	3,700.00	1,000.00	10,700.00		9.10
DL	100.00	100.00	100.00		0.01

7 - 06/23/2023: Corn, silage

Corn Silage

Sample and source description: Corn Silage

Sample date: 10/23/2023 Source of analysis: Lab analysis Method of reporting: As-is

Moisture: 66.8 %

	Total N (mg/kg)	Total P (mg/kg)	Total K (mg/kg)	Total salt (mg/kg)	TFS (%)
Value	3,700.00	700.00	4,100.00		5.60
DL	100.00	100.00	100.00		0.01

8 - 10/29/2022: Oats, silage-soft dough

Winter Forage

Sample and source description: Winter Forage

Sample date: 05/22/2023 Source of analysis: Lab analysis Method of reporting: As-is

Moisture: 69.6 %

	Total N (mg/kg)	Total P (mg/kg)	Total K (mg/kg)	Total salt (mg/kg)	TFS (%)
Value	4,900.00	1,000.00	9,900.00		8.00
DL	100.00	100.00	100.00		0.01

8 - 06/24/2023: Corn, silage

Corn Silage

Sample and source description: Corn Silage

Sample date: 10/23/2023 Source of analysis: Lab analysis Method of reporting: As-is

Moisture: 66.4 %

	Total N (mg/kg)	Total P (mg/kg)	Total K (mg/kg)	Total salt (mg/kg)	TFS (%)
Value	3,600.00	600.00	3,900.00		5.70
DL	100.00	100.00	100.00		0.01

9 - 06/25/2023: Corn, silage

Corn Silage

Sample and source description: Corn Silage

Sample date: 10/23/2023 Source of analysis: Lab analysis Method of reporting: As-is

Moisture: 64.2 %

	Total N (mg/kg)	Total P (mg/kg)	Total K (mg/kg)	Total salt (mg/kg)	TFS (%)
Value	4,100.00	600.00	4,900.00		6.30
DL	100.00	100.00	100.00		0.01

Carter Field 1 - 10/03/2016: Almond, in shell

Almonds

Sample and source description: Almonds

Sample date: 12/15/2023 Source of analysis: Lab analysis Method of reporting: As-is

Moisture: 10.4 %

	Total N (mg/kg)	Total P (mg/kg)	Total K (mg/kg)	Total salt (mg/kg)	TFS (%)
Value	12,000.00	2,000.00	40,700.00		15.30
DL	100.00	100.00	100.00		0.01

Carter Field 2 - 10/05/2016: Almond, in shell

Almonds

Sample and source description: Almonds

Sample date: 12/15/2023 Source of analysis: Lab analysis Method of reporting: As-is

Moisture: 12.4 %

	Total N (mg/kg)	Total P (mg/kg)	Total K (mg/kg)	Total salt (mg/kg)	TFS (%)
Value	10,100.00	1,900.00	39,400.00		15.00
DL	100.00	100.00	100.00		0.01

Carter Field 22 - 10/05/2015: Alfalfa, hay

Alfalfa

Sample and source description: Alfalfa

Sample date: 09/06/2022 Source of analysis: Lab analysis Method of reporting: As-is

Moisture: 6.3 %

	Total N (mg/kg)	Total P (mg/kg)	Total K (mg/kg)	Total salt (mg/kg)	TFS (%)
Value	28,600.00	3,200.00	18,800.00		5.68
DL	100.00	100.00	100.00		0.01

Carter Field 3 - 10/08/2016: Almond, in shell

Almonds

Sample and source description: Almonds

Sample date: 12/15/2023 Source of analysis: Lab analysis Method of reporting: As-is

Moisture: 9.8 %

	Total N (mg/kg)	Total P (mg/kg)	Total K (mg/kg)	Total salt (mg/kg)	TFS (%)
Value	9,400.00	1,500.00	26,500.00		10.80
DL	100.00	100.00	100.00		0.01

Carter Field 4 - 10/10/2016: Almond, in shell

Almonds

Sample and source description: Almonds

Sample date: 12/15/2023 Source of analysis: Lab analysis Method of reporting: As-is

Moisture: 10.4 %

	Total N (mg/kg)	Total P (mg/kg)	Total K (mg/kg)	Total salt (mg/kg)	TFS (%)
Value	12,000.00	2,000.00	40,700.00		15.30
DL	100.00	100.00	100.00		0.01

Carter Field 6.a - 02/05/2017: Almond, in shell

Almonds

Sample and source description: Almonds

Sample date: 12/15/2023 Source of analysis: Lab analysis Method of reporting: As-is

Moisture: 9.6 %

	Total N (mg/kg)	Total P (mg/kg)	Total K (mg/kg)	Total salt (mg/kg)	TFS (%)
Value	8,700.00	1,000.00	20,500.00		17.90
DL	100.00	100.00	100.00		0.01

Carter Field 6.b - 02/05/2017: Almond, in shell

Almonds

Sample and source description: Almonds

Sample date: 12/15/2023 Source of analysis: Lab analysis Method of reporting: As-is

Moisture: 11.0 %

	Total N (mg/kg)	Total P (mg/kg)	Total K (mg/kg)	Total salt (mg/kg)	TFS (%)
Value	12,000.00	1,000.00	27,200.00		12.90
DL	100.00	100.00	100.00		0.01

Carter Field 6.c - 02/05/2017: Almond, in shell

Almonds

Sample and source description: Almonds

Sample date: 12/15/2023 Source of analysis: Lab analysis Method of reporting: As-is

Moisture: 11.0 %

	Total N (mg/kg)	Total P (mg/kg)	Total K (mg/kg)	Total salt (mg/kg)	TFS (%)
Value	12,000.00	1,000.00	27,200.00		12.90
DL	100.00	100.00	100.00		0.01

Carter Field 7.a - 02/10/2018: Almond, in shell

Almonds

Sample and source description: Almonds

Sample date: 12/15/2023 Source of analysis: Lab analysis Method of reporting: As-is

Moisture: 9.4 %

	Total N (mg/kg)	Total P (mg/kg)	Total K (mg/kg)	Total salt (mg/kg)	TFS (%)
Value	7,200.00	900.00	31,200.00		10.70
DL	100.00	100.00	100.00		0.01

Carter Field 7.b - 02/10/2018: Almond, in shell

Almonds

Sample and source description: Almonds

Sample date: 12/15/2023 Source of analysis: Lab analysis Method of reporting: As-is

Moisture: 9.4 %

	Total N (mg/kg)	Total P (mg/kg)	Total K (mg/kg)	Total salt (mg/kg)	TFS (%)
Value	7,200.00	900.00	31,200.00		10.70
DL	100.00	100.00	100.00		0.01

Carter Field 7.c - 02/10/2018: Almond, in shell

Almonds

Sample and source description: Almonds

Sample date: 12/15/2023 Source of analysis: Lab analysis Method of reporting: As-is

Moisture: 9.4 %

	Total N (mg/kg)	Total P (mg/kg)	Total K (mg/kg)	Total salt (mg/kg)	TFS (%)
Value	7,200.00	900.00	31,200.00		10.70
DL	100.00	100.00	100.00		0.01

Carter Pasture North - 01/01/2023: Pasture

Pasture

Sample and source description: Pasture

Sample date: 04/24/2023 Source of analysis: Lab analysis Method of reporting: As-is

Moisture: 70.0 %

	Total N (mg/kg)	Total P (mg/kg)	Total K (mg/kg)	Total salt (mg/kg)	TFS (%)
Value	13,400.00	1,300.00	14,700.00		9.02
DL	100.00	100.00	100.00		0.01

Carter Pasture South - 01/01/2023: Pasture

Pasture

Sample and source description: Pasture

Sample date: 04/24/2023 Source of analysis: Lab analysis Method of reporting: As-is

Moisture: 70.0 %

	Total N (mg/kg)	Total P (mg/kg)	Total K (mg/kg)	Total salt (mg/kg)	TFS (%)
Value	13,400.00	1,500.00	17,100.00		10.60
DL	100.00	100.00	100.00		0.01

F. SUBSURFACE (TILE) DRAINAGE ANALYSES

No subsurface (tile) drainage analyses entered.

NUTRIENT APPLICATIONS, POTENTIAL REMOVAL, AND BALANCE

A. SUMMARY OF NUTRIENT APPLICATIONS, POTENTIAL REMOVAL, AND BALANCE

	Total N (lbs)	Total P (lbs)	Total K (lbs)	Total salt (lbs)
Existing soil nutrient content	0.00	0.00	0.00	0.00
Plowdown credit	0.00	0.00	0.00	0.00
Commercial fertilizer / Other	53,370.60	0.00	0.00	0.00
Dry manure	27,606.46	9,286.76	35,707.74	254,163.16
Process wastewater	194,688.97	22,474.60	183,170.27	1,554,301.98
Fresh water	9,665.58	0.00	0.00	862,519.33
Atmospheric deposition	13,916.00	0.00	0.00	0.00
Total nutrients applied	299,247.61	31,761.36	218,878.01	2,670,984.47
Anticipated crop nutrient removal	307,770.80	52,177.00	288,441.30	0.00
Actual crop nutrient removal	242,856.42	43,661.90	467,276.60	1,673,385.80
Nutrient balance	56,391.19	-11,900.54	-248,398.59	997,598.67
Applied to removed ratio	1.23	0.73	0.47	1.60

B. POUNDS OF NUTRIENT APPLIED VS. CROP REMOVAL

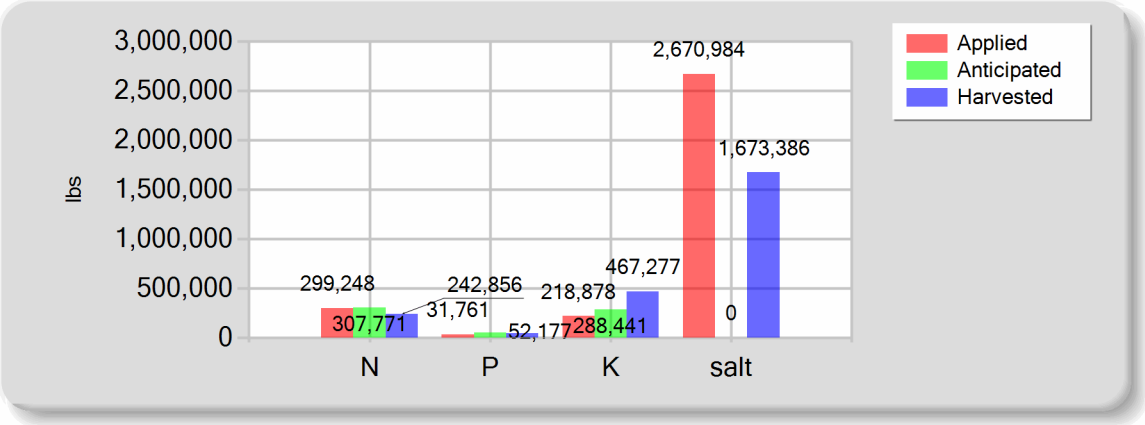

C. POUNDS OF NUTRIENT APPLIED BY MATERIAL TYPE

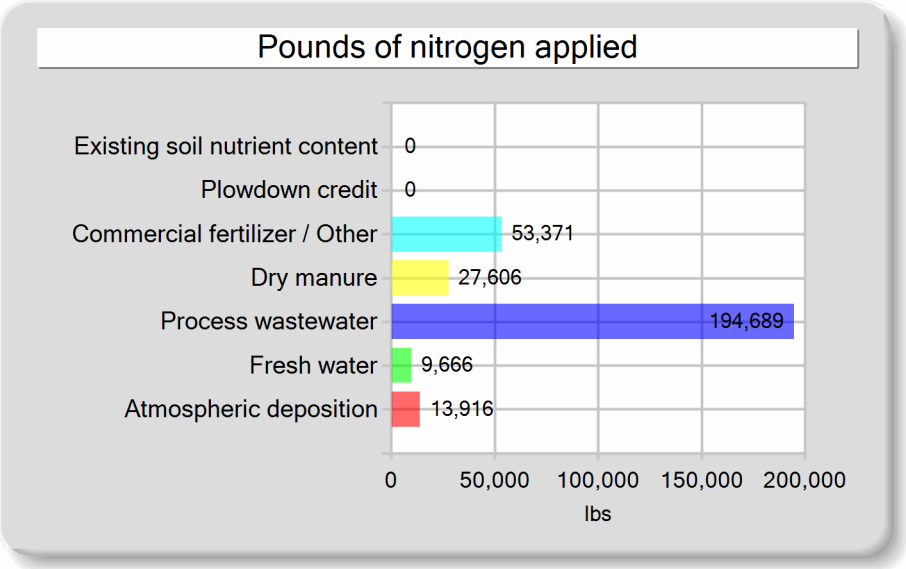

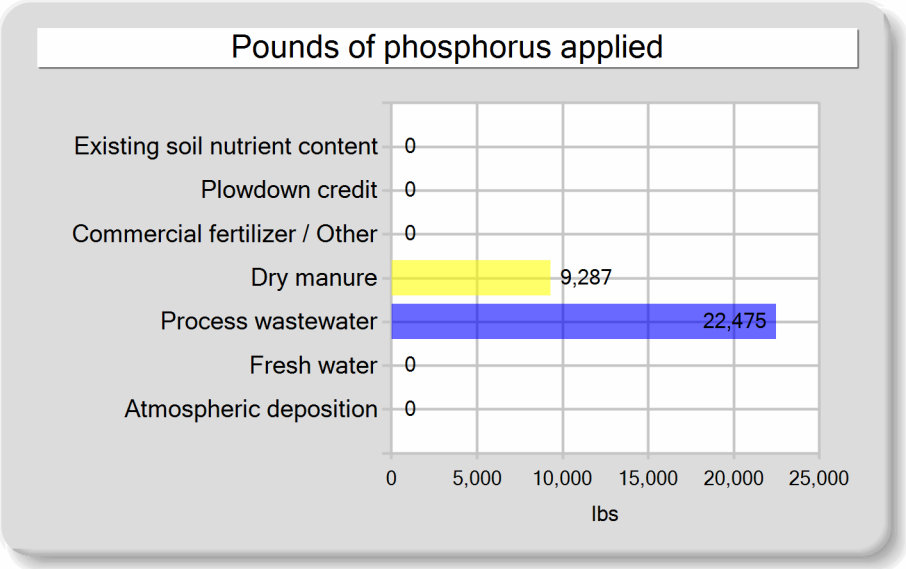

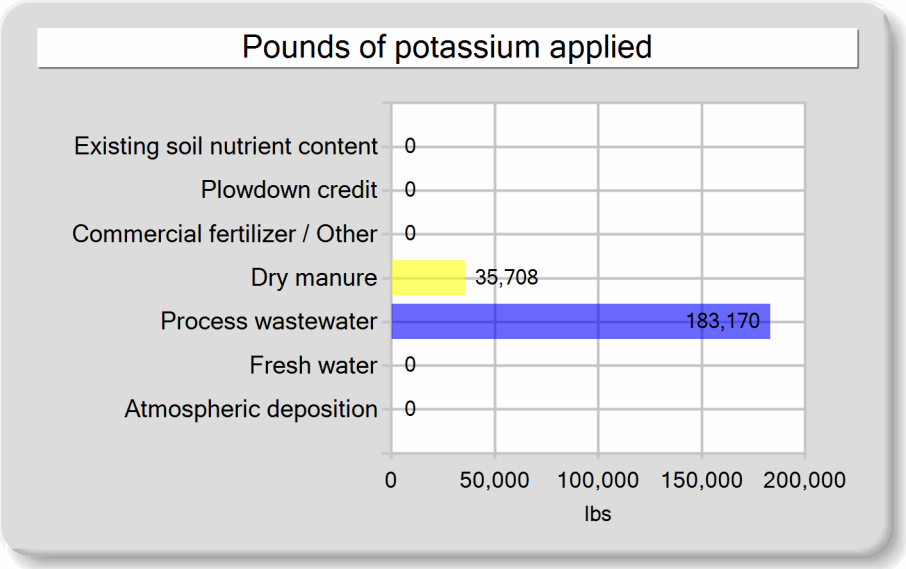

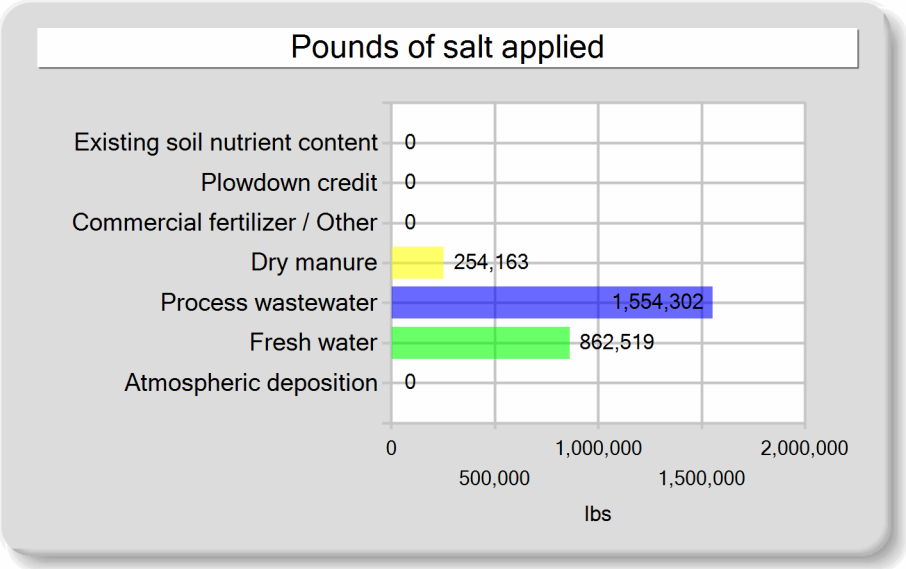

EXCEPTION REPORTING

A. MANURE, PROCESS WASTEWATER, AND OTHER DAIRY WASTE DISCHARGES

The following is a summary of all manure and process wastewater discharges from the production area to surface water or to land areas (land application areas or otherwise) when not in accordance with the facility's Nutrient Management Plan.

No manure or process wastewater discharges occurred during the reporting period.

B. STORM WATER DISCHARGES

The following is a summary of all storm water discharges from the production area to surface water during the reporting period when not in accordance with the facility 's Nutrient Management Plan.

No stormwater discharges occurred during the reporting period.

C. LAND APPLICATION AREA TO SURFACE WATER DISCHARGES

The following is a summary of all discharges from the land application area to surface water that have occurred during the reporting period when not in accordance with the facility's Nutrient Management Plan.

No land application area to surface water discharges occurred during the reporting period.

NUTRIENT MANAGEMENT PLAN AND EXPORT AGREEMENT STATEMENTS

A. NUTRIENT MANAGEMENT PLAN STATEMENTS

Was the facility's NMP updated in the reporting period?	Yes
Was the facility's NMP developed by a certified nutrient management planner (specialist) as specified in Attachment C of the General Order?	Yes
Was the facility's NMP approved by a certified nutrient management planner (specialist) as specified in Attachment C of the General Order?	Yes

B. EXPORT AGREEMENT STATEMENT

Are there any written agreements with third parties to receive manure or process wastewater that are new or were revised within the reporting period?	No

ADDITIONAL NOTES

A. NOTES

Field 3 Corn (1.50) had a high nitrogen field ratio as field failed to meet anticipated nitrogen removal of 240 pounds/acre. the subject field removed only 178.7 pounds of nitrogen per acre. Yield for the field was only 23.6 tons/acre compared to the anticipated 30 ton/acre combined with a low nitrogen lab value from the plant tissue lab analysis were the main reasons for the high nitrogen field ratio. Nitrogen application to the subject field was not considered excessive but in line with that recommended in the dairy's nutrient management plan.

Field 12 Almonds (1.46) had a high nitrogen ratio as field failed to meet anticipated nitrogen removal. The yield for the subject field was adequate however a low nitrogen value from the plant tissue laboratory analysis resulted in only 17.32 pounds of nitrogen removed per harvested ton compared to the anticipated 30 pounds of nitrogen per harvested ton. Nitrogen application to the field was not considered excessive but in line with that recommended in the dairy's nutrient management plan.

CERTIFICATION

A. OWNER AND/OR OPERATOR CERTIFICATION

I certify under penalty of law that I have personally examined and am familiar with the information submitted in this document and all attachments and that, based on my inquiry of those individuals immediately responsible for obtaining the information, I believe that the information is true, accurate, and complete. I am aware that there are significant penalties for submitting false information, including the possibility of fine and imprisonment.

Dustin Wagner
Dustin Wagner (Jun 27, 2024 07:37 PDT)

SIGNATURE OF OWNER OF FACILITY	SIGNATURE OF OPERATOR OF FACILITY
Dustin Wagner	SAME AS OWNER
PRINT OR TYPE NAME	PRINT OR TYPE NAME
Jun 27, 2024	
DATE	DATE

ATTACHMENTS

A. REQUIRED ATTACHMENTS

The following lists the required documents that should be attached to the Annual Report when submitted .

Annual Dairy Facility Assessment
Provide an Annual Dairy Facility Assessment (an update to the Preliminary Dairy Facility Assessment in Attachment A) for each reporting period. On the PDFA Final page, click on the ADFA Report button to generate an ADFA report after updating information as needed .

Manure/Process Wastewater Tracking Manifests
Provide copies of all manure/process wastewater tracking manifests for the reporting period, signed by both the owner/operator and the hauler.

Corrective Actions Documents
Provide records documenting any corrective actions taken to correct deficiencies noted as a result of the inspections required in the Monitoring Requirements of the General Order. Deficiencies not corrected in 30 days must be accompanied by an explanation of the factors preventing immediate correction.

Groundwater Monitoring
Dischargers that monitor supply wells or subsurface (tile) drainage systems, or that have monitoring well systems must submit monitoring results as directed in the General Order, Groundwater Reporting Section starting on page MRP-13.

Storm Water Monitoring
Dischargers that are required to monitor storm water more frequently than required in the General Order must submit monitoring results as directed in the General Order, Storm Water Reporting Section on page MRP-14.

ATTACHMENT D

Manure/Process Wastewater Tracking Manifest
For
Existing Milk Cow Dairies

Instructions:

1) Complete one manifest for each hauling event, for each destination. A hauling event may last for several days, as long as the manure is being hauled to the same destination.
2) If there are multiple destinations, **complete a separate form for each destination.**
3) The operator must obtain the signature of the hauler upon completion of each manure-hauling event.
4) The operator shall submit copies of manure/process wastewater tracking manifest(s) with the Annual Monitoring Report for Existing Milk Cow Dairies.

Operator Information:

Name of Operator: Dustin Wagner

Name of Dairy Facility: Wagner Dairy L.P.

Facility Address: 22176 Skiff Road, Escalon, CA 95320
Number and Street City Zip Code

Contact Person Name and Phone Number: Dustin Wagner 209-652-5192
Name Phone Number

Manure/Process Wastewater Hauler Information:

Name of Hauling Company/Person: ALP Custom Spreading Inc.

Address of Hauling Company /Person: 2324 Villa Manucha Road, Newman, CA 95360
Number and Street City Zip Code

Contact Person: Jeff Lima 209-862-3393
Name Phone Number

Destination Information:

Composting Facility / Broker / Farmer / Other (identify) _____ (please circle one)

Contact information of Composting Facility, Broker, Farmer, or Other (as identified above):

ALP Custom Spreading, 2324 Villa Manucha Road, Newman, 95360 209-862-3393
Name Number and Street City Zip Code Phone Number

Manure/Process Wastewater Destination Address or Assessor's Parcel Number:

2324 Villa Manucha Road, Newman, CA 95360 000-000-000
Number and Street City Zip Code Assessor's Parcel Number

Dates Hauled: 9/25/2023

Amount Hauled:

Enter the amount of manure hauled in tons or cubic yards (indicate the units used), the manure solids content (if amount reported in tons) or manure density (if amount reported in cubic yards), and the method used to calculate the amount:

Manure: 3,624 Tons or Cubic Yards (indicate which units used)
Manure Solids Content (if amount reported in tons): 33.1% moisture
Manure Density (if amount reported in cubic yards): _____

Method used to determine amount of manure: _____

302 loads at 12 ton per load

Enter the amount of process wastewater hauled in gallons and the method used to determine the amount.

Process Wastewater: _____ Gallons

Method used to determine volume of process wastewater: _____

_____

Written Agreement:
Does the Operator have a written agreement (in compliance with Land Application Specification E.3 of Reissued Waste Discharge Requirements General Order No. R5-2013-0122) with any party that receives process wastewater from the Operator for its own use? (please check one)

____ Yes _____ No

If the answer is no, the Operator agrees to have such a written agreement with any such party for any process wastewater transferred after **31 December 2007** to such party.
_____ (Operator shall provide initials here to acknowledge this requirement).

Certification:
I declare under the penalty of law that I personally examined and am familiar with the information submitted in this document, and that based on my inquiry of those individuals immediately responsible for obtaining the information, I believe that the information is true, accurate, and complete. I am aware that there are significant penalties for submitting false information, including the possibility of a fine and imprisonment for knowing violations.

Operator's Signature: Dustin Wagner
Dustin Wagner (Jun 27, 2024 07:37 PDT) Date: Jun 27, 2024

Hauler's Signature: _____ Date: 11/5/23

ATTACHMENT D

Manure/Process Wastewater Tracking Manifest
For
Existing Milk Cow Dairies

Instructions:

1) Complete one manifest for each hauling event, for each destination. A hauling event may last for several days, as long as the manure is being hauled to the same destination.
2) If there are multiple destinations, **complete a separate form for each destination.**
3) The operator must obtain the signature of the hauler upon completion of each manure-hauling event.
4) The operator shall submit copies of manure/process wastewater tracking manifest(s) with the Annual Monitoring Report for Existing Milk Cow Dairies.

Operator Information:

Name of Operator: Dustin Wagner

Name of Dairy Facility: Wagner Dairy L.P.

Facility Address: 22176 Skiff Road, Escalon, CA 95320
Number and Street | City | Zip Code

Contact Person Name and Phone Number: Dustin Wagner 209-652-5192
Name | Phone Number

Manure/Process Wastewater Hauler Information:

Name of Hauling Company/Person: ALP Custom Spreading Inc.

Address of Hauling Company /Person: 2324 Villa Manucha Road, Newman, CA 95360
Number and Street | City | Zip Code

Contact Person: Jeff Lima 209-862-3393
Name | Phone Number

Destination Information:

Composting Facility / Broker / Farmer / Other (identify) _____ (please circle one)

Contact information of Composting Facility, Broker, Farmer, or Other (as identified above):

ALP Custom Spreading, 2324 Villa Manucha Road, Newman, 95360 209-862-3393
Name | Number and Street | City | Zip Code | Phone Number

Manure/Process Wastewater Destination Address or Assessor's Parcel Number:

2324 Villa Manucha Road, Newman, CA 95360 000-000-000
Number and Street | City | Zip Code | Assessor's Parcel Number

Dates Hauled: 10/28/2023

Amount Hauled:

Enter the amount of manure hauled in tons or cubic yards (indicate the units used), the manure solids content (if amount reported in tons) or manure density (if amount reported in cubic yards), and the method used to calculate the amount:

Manure: 3,408 Tons or Cubic Yards (indicate which units used)
Manure Solids Content (if amount reported in tons): 56.3% moisture
Manure Density (if amount reported in cubic yards): _____

Method used to determine amount of manure: _____

284 loads at 12 ton per load

Enter the amount of process wastewater hauled in gallons and the method used to determine the amount.

Process Wastewater: _____ Gallons

Method used to determine volume of process wastewater: _____

_____

Written Agreement:
Does the Operator have a written agreement (in compliance with Land Application Specification E.3 of Reissued Waste Discharge Requirements General Order No. R5-2013-0122) with any party that receives process wastewater from the Operator for its own use? (please check one)

____ Yes _____ No

If the answer is no, the Operator agrees to have such a written agreement with any such party for any process wastewater transferred after **31 December 2007** to such party.
_____ (Operator shall provide initials here to acknowledge this requirement).

Certification:
I declare under the penalty of law that I personally examined and am familiar with the information submitted in this document, and that based on my inquiry of those individuals immediately responsible for obtaining the information, I believe that the information is true, accurate, and complete. I am aware that there are significant penalties for submitting false information, including the possibility of a fine and imprisonment for knowing violations.

Operator's Signature: Dustin Wagner Date: Jun 27, 2024

Hauler's Signature: Jeff Z Date: 11/5/23

ATTACHMENT D

Manure/Process Wastewater Tracking Manifest
For
Existing Milk Cow Dairies

Instructions:

1) Complete one manifest for each hauling event, for each destination. A hauling event may last for several days, as long as the manure is being hauled to the same destination.
2) If there are multiple destinations, **complete a separate form for each destination.**
3) The operator must obtain the signature of the hauler upon completion of each manure-hauling event.
4) The operator shall submit copies of manure/process wastewater tracking manifest(s) with the Annual Monitoring Report for Existing Milk Cow Dairies.

Operator Information:

Name of Operator: Dustin Wagner

Name of Dairy Facility: Wagner Dairy L.P.

Facility Address: 22176 Skiff Road, Escalon, CA 95320
Number and Street | City | Zip Code

Contact Person Name and Phone Number: Dustin Wagner 209-652-5192
Name | Phone Number

Manure/Process Wastewater Hauler Information:

Name of Hauling Company/Person: ALP Custom Spreading Inc.

Address of Hauling Company /Person: 2324 Villa Manucha Road, Newman, CA 95360
Number and Street | City | Zip Code

Contact Person: Jeff Lima 209-862-3393
Name | Phone Number

Destination Information:

Composting Facility / Broker / Farmer / Other (identify) _____ (please circle one)

Contact information of Composting Facility, Broker, Farmer, or Other (as identified above):

ALP Custom Spreading, 2324 Villa Manucha Road, Newman, 95360 209-862-3393
Name | Number and Street | City | Zip Code | Phone Number

Manure/Process Wastewater Destination Address or Assessor's Parcel Number:

2324 Villa Manucha Road, Newman, CA 95360 000-000-000
Number and Street | City | Zip Code | Assessor's Parcel Number

Dates Hauled: 10/31/2023

Amount Hauled:

Enter the amount of manure hauled in tons or cubic yards (indicate the units used), the manure solids content (if amount reported in tons) or manure density (if amount reported in cubic yards), and the method used to calculate the amount:

Manure: 1,200 Tons or Cubic Yards (indicate which units used)
Manure Solids Content (if amount reported in tons): 57.6% moisture
Manure Density (if amount reported in cubic yards): _____

Method used to determine amount of manure: _____

100 loads at 12 ton per load

Enter the amount of process wastewater hauled in gallons and the method used to determine the amount.

Process Wastewater: _____ Gallons

Method used to determine volume of process wastewater: _____

_____

Written Agreement:
Does the Operator have a written agreement (in compliance with Land Application Specification E.3 of Reissued Waste Discharge Requirements General Order No. R5-2013-0122) with any party that receives process wastewater from the Operator for its own use? (please check one)

____ Yes _____ No

If the answer is no, the Operator agrees to have such a written agreement with any such party for any process wastewater transferred after **31 December 2007** to such party.
_____ (Operator shall provide initials here to acknowledge this requirement).

Certification:
I declare under the penalty of law that I personally examined and am familiar with the information submitted in this document, and that based on my inquiry of those individuals immediately responsible for obtaining the information, I believe that the information is true, accurate, and complete. I am aware that there are significant penalties for submitting false information, including the possibility of a fine and imprisonment for knowing violations.

Operator's Signature: Dustin Wagner
Dustin Wagner (Jun 27, 2024 07:37 PDT) Date: Jun 27, 2024

Hauler's Signature: Jeff Z Date: 11/5/23

ATTACHMENT D

Manure/Process Wastewater Tracking Manifest
For
Existing Milk Cow Dairies

Instructions:

1) Complete one manifest for each hauling event, for each destination. A hauling event may last for several days, as long as the manure is being hauled to the same destination.
2) If there are multiple destinations, **complete a separate form for each destination.**
3) The operator must obtain the signature of the hauler upon completion of each manure-hauling event.
4) The operator shall submit copies of manure/process wastewater tracking manifest(s) with the Annual Monitoring Report for Existing Milk Cow Dairies.

Operator Information:

Name of Operator: Dustin Wagner

Name of Dairy Facility: Wagner Dairy L.P.

Facility Address: 22176 Skiff Road, Escalon, CA 95320
Number and Street | City | Zip Code

Contact Person Name and Phone Number: Dustin Wagner 209-652-5192
Name | Phone Number

Manure/Process Wastewater Hauler Information:

Name of Hauling Company/Person: ALP Custom Spreading Inc.

Address of Hauling Company /Person: 2324 Villa Manucha Road, Newman, CA 95360
Number and Street | City | Zip Code

Contact Person: Jeff Lima 209-862-3393
Name | Phone Number

Destination Information:

Composting Facility / Broker / Farmer / Other (identify) _____ (please circle one)

Contact information of Composting Facility, Broker, Farmer, or Other (as identified above):

ALP Custom Spreading, 2324 Villa Manucha Road, Newman, 95360 209-862-3393
Name | Number and Street | City | Zip Code | Phone Number

Manure/Process Wastewater Destination Address or Assessor's Parcel Number:

2324 Villa Manucha Road, Newman, CA 95360 000-000-000
Number and Street | City | Zip Code | Assessor's Parcel Number

Dates Hauled: 11/3/2023

Amount Hauled:

Enter the amount of manure hauled in tons or cubic yards (indicate the units used), the manure solids content (if amount reported in tons) or manure density (if amount reported in cubic yards), and the method used to calculate the amount:

Manure: 1,980 Tons or Cubic Yards (indicate which units used)
Manure Solids Content (if amount reported in tons): 57.6% moisture
Manure Density (if amount reported in cubic yards): _____

Method used to determine amount of manure: _____

165 loads at 12 ton per load

Enter the amount of process wastewater hauled in gallons and the method used to determine the amount.

Process Wastewater: _____ Gallons

Method used to determine volume of process wastewater: _____

_____

Written Agreement:
Does the Operator have a written agreement (in compliance with Land Application Specification E.3 of Reissued Waste Discharge Requirements General Order No. R5-2013-0122) with any party that receives process wastewater from the Operator for its own use? (please check one)

____ Yes _____ No

If the answer is no, the Operator agrees to have such a written agreement with any such party for any process wastewater transferred after **31 December 2007** to such party.
_____ (Operator shall provide initials here to acknowledge this requirement).

Certification:
I declare under the penalty of law that I personally examined and am familiar with the information submitted in this document, and that based on my inquiry of those individuals immediately responsible for obtaining the information, I believe that the information is true, accurate, and complete. I am aware that there are significant penalties for submitting false information, including the possibility of a fine and imprisonment for knowing violations.

Operator's Signature: Dustin Wagner
Dustin Wagner (Jun 27, 2024 07:37 PDT) Date: Jun 27, 2024

Hauler's Signature: Jeff Z Date: 11/5/23

DELLAVALLE™
LABORATORY INC

Wagner Dairy
22176 Skiff Rd
Escalon, CA 95320

Account# 00-0026266
Account Manager: Scott Sakamoto
Submitted By: Jeanette Sawyer

Received: 10/26/2023 16:45
Reported: 11/03/2023 10:42

Samples in this Report

Lab ID	Sample	Matrix	Sampled By	Crop	Date Sampled
23J1792-01	DW Between Free Stalls	Drinking Water			10/25/2023 6:45
23J1792-02	DW Barn	Drinking Water			10/25/2023 6:45
23J1792-03	DW Facility Carter	Drinking Water			10/25/2023 6:45
23J1792-04	DW Feed Area Dairy	Drinking Water			10/25/2023 6:45
23J1792-05	DW FLD II	Drinking Water			10/25/2023 6:45
23J1792-06	DW House	Drinking Water			10/25/2023 6:45
23J1792-07	DW Shed Carter	Drinking Water			10/25/2023 6:45

Default Cooler Temperature on Receipt °C: 1.7

Containers Intact
COC/Labels Agree
Preservation Confirmed
Received On Ice

Notes and Definitions

Item	Definition
H	Hold Time Exceeded
MCL	Drinking Water Maximum Contaminant Level
ND	Analyte NOT DETECTED at or above the reporting limit.
NES	Not Enough Sample
*	Not Taken
RPD	Relative Percent Difference
%REC	Percent Recovery
Source	Sample that was matrix spiked or duplicated.

Scott McFriedland

Laboratory Director/Technical Manager

ELAP Certification #1595
A2LA Certification #6440.02

The results in this report apply to the samples as received and were analyzed in accordance with the chain of custody document. This analytical report must be reproduced in its entirety. All results listed in this report are for the exclusive use of the submitting party. Dellavalle Laboratory, Inc. assumes no responsibility for report alteration, separation, detachment or third party interpretation.

DELLAVALLE™
LABORATORY INC

Wagner Dairy
22176 Skiff Rd
Escalon, CA 95320

Account# 00-0026266
Account Manager: Scott Sakamoto
Submitted By: Jeanette Sawyer

Received: 10/26/2023 16:45
Reported: 11/03/2023 10:42

Sample Results

Sample: DW Between Free Stalls
23J1792-01 (Water)

Sampled: 10/25/2023 6:45
Sampled By:

Analyte	Result	Units	Reporting Limit	DIL	DW MCL	Date/Time Analyzed	Method	Notes	Batch
Electrical Conductivity	**0.17**	mmhos/cm	0.01	1		10/31/23 16:19	SM 2510 B		BEJ1088
Electrical Conductivity umhos	**173**	umhos/cm	10.0	1		10/31/23 16:19	SM 2510 B		BEJ1088
Ammonia (as N)	*	mg/L	0.00	1		10/25/23 06:45	Field		BEJ1097
Nitrate Nitrogen as NO3N	**1.8**	mg/L	0.1	1	10	10/26/23 23:19	EPA 300.0		BEJ1094
Temperature	**25.0**	units	0.0	1		10/31/23 16:19	SM 4500-H+	H	BEJ1088
pH	**7.7**	units	1.0	1		10/31/23 16:19	SM 4500-H+	H	BEJ1088
Kjeldahl Nitrogen (TKN), Total	ND	mg/L	1.00	1		10/30/23 13:10	SM 4500-NH3 C		BEJ1108
Total Nitrogen	**1.85**	mg/L	1.00	1		10/30/23 13:10	SM 4500-NH3 C		BEJ1108

The results in this report apply to the samples as received and were analyzed in accordance with the chain of custody document. This analytical report must be reproduced in its entirety. All results listed in this report are for the exclusive use of the submitting party. Dellavalle Laboratory, Inc. assumes no responsibility for report alteration, separation, detachment or third party interpretation.

DELLAVALLE™ LABORATORY INC

Wagner Dairy
22176 Skiff Rd
Escalon, CA 95320

Account# 00-0026266
Account Manager: Scott Sakamoto
Submitted By: Jeanette Sawyer

Received: 10/26/2023 16:45
Reported: 11/03/2023 10:42

Sample Results
(Continued)

Sample: DW Barn
23J1792-02 (Water)

Sampled: 10/25/2023 6:45
Sampled By:

Analyte	Result	Units	Reporting Limit	DIL	DW MCL	Date/Time Analyzed	Method	Notes	Batch
Electrical Conductivity	**0.19**	mmhos/cm	0.01	1		10/31/23 16:20	SM 2510 B		BEJ1088
Electrical Conductivity umhos	**190**	umhos/cm	10.0	1		10/31/23 16:20	SM 2510 B		BEJ1088
Ammonia (as N)	*	mg/L	0.00	1		10/25/23 06:45	Field		BEJ1097
Nitrate Nitrogen as NO3N	**2.3**	mg/L	0.1	1	10	10/26/23 23:41	EPA 300.0		BEJ1094
Temperature	**25.0**	units	0.0	1		10/31/23 16:20	SM 4500-H+	H	BEJ1088
pH	**7.9**	units	1.0	1		10/31/23 16:20	SM 4500-H+	H	BEJ1088
Kjeldahl Nitrogen (TKN), Total	ND	mg/L	1.00	1		10/30/23 13:12	SM 4500-NH3 C		BEJ1108
Total Nitrogen	**2.32**	mg/L	1.00	1		10/30/23 13:12	SM 4500-NH3 C		BEJ1108

The results in this report apply to the samples as received and were analyzed in accordance with the chain of custody document. This analytical report must be reproduced in its entirety. All results listed in this report are for the exclusive use of the submitting party. Dellavalle Laboratory, Inc. assumes no responsibility for report alteration, separation, detachment or third party interpretation.

DELLAVALLE™
LABORATORY INC

Wagner Dairy
22176 Skiff Rd
Escalon, CA 95320

Account# 00-0026266
Account Manager: Scott Sakamoto
Submitted By: Jeanette Sawyer

Received: 10/26/2023 16:45
Reported: 11/03/2023 10:42

Sample Results
(Continued)

Sample: DW Facility Carter
23J1792-03 (Water)

Sampled: 10/25/2023 6:45
Sampled By:

Analyte	Result	Units	Reporting Limit	DIL	DW MCL	Date/Time Analyzed	Method	Notes	Batch
Electrical Conductivity	**0.17**	mmhos/cm	0.01	1		10/31/23 16:21	SM 2510 B		BEJ1088
Electrical Conductivity umhos	**168**	umhos/cm	10.0	1		10/31/23 16:21	SM 2510 B		BEJ1088
Ammonia (as N)	*	mg/L	0.00	1		10/25/23 06:45	Field		BEJ1097
Nitrate Nitrogen as NO3N	**1.8**	mg/L	0.1	1	10	10/27/23 00:03	EPA 300.0		BEJ1094
Temperature	**25.0**	units	0.0	1		10/31/23 16:21	SM 4500-H+	H	BEJ1088
pH	**7.9**	units	1.0	1		10/31/23 16:21	SM 4500-H+	H	BEJ1088
Kjeldahl Nitrogen (TKN), Total	ND	mg/L	1.00	1		10/30/23 13:13	SM 4500-NH3 C		BEJ1108
Total Nitrogen	**1.82**	mg/L	1.00	1		10/30/23 13:13	SM 4500-NH3 C		BEJ1108

The results in this report apply to the samples as received and were analyzed in accordance with the chain of custody document. This analytical report must be reproduced in its entirety. All results listed in this report are for the exclusive use of the submitting party. Dellavalle Laboratory, Inc. assumes no responsibility for report alteration, separation, detachment or third party interpretation.

DELLAVALLE™
LABORATORY INC

Wagner Dairy
22176 Skiff Rd
Escalon, CA 95320

Account# 00-0026266
Account Manager: Scott Sakamoto
Submitted By: Jeanette Sawyer

Received: 10/26/2023 16:45
Reported: 11/03/2023 10:42

Sample Results
(Continued)

Sample: DW Feed Area Dairy
23J1792-04 (Water)

Sampled: 10/25/2023 6:45
Sampled By:

Analyte	Result	Units	Reporting Limit	DIL	DW MCL	Date/Time Analyzed	Method	Notes	Batch
Electrical Conductivity	**0.17**	mmhos/cm	0.01	1		10/31/23 16:22	SM 2510 B		BEJ1088
Electrical Conductivity umhos	**174**	umhos/cm	10.0	1		10/31/23 16:22	SM 2510 B		BEJ1088
Ammonia (as N)	*	mg/L	0.00	1		10/25/23 06:45	Field		BEJ1097
Nitrate Nitrogen as NO3N	**1.9**	mg/L	0.1	1	10	10/27/23 00:25	EPA 300.0		BEJ1094
Temperature	**25.0**	units	0.0	1		10/31/23 16:22	SM 4500-H+	H	BEJ1088
pH	**8.0**	units	1.0	1		10/31/23 16:22	SM 4500-H+	H	BEJ1088
Kjeldahl Nitrogen (TKN), Total	ND	mg/L	1.00	1		10/30/23 13:15	SM 4500-NH3 C		BEJ1108
Total Nitrogen	**1.86**	mg/L	1.00	1		10/30/23 13:15	SM 4500-NH3 C		BEJ1108

The results in this report apply to the samples as received and were analyzed in accordance with the chain of custody document. This analytical report must be reproduced in its entirety. All results listed in this report are for the exclusive use of the submitting party. Dellavalle Laboratory, Inc. assumes no responsibility for report alteration, separation, detachment or third party interpretation.

DELLAVALLE™
LABORATORY INC

Wagner Dairy
22176 Skiff Rd
Escalon, CA 95320

Account# 00-0026266
Account Manager: Scott Sakamoto
Submitted By: Jeanette Sawyer

Received: 10/26/2023 16:45
Reported: 11/03/2023 10:42

Sample Results
(Continued)

Sample: DW FLD II
23J1792-05 (Water)

Sampled: 10/25/2023 6:45
Sampled By:

Analyte	Result	Units	Reporting Limit	DIL	DW MCL	Date/Time Analyzed	Method	Notes	Batch
Electrical Conductivity	**0.19**	mmhos/cm	0.01	1		10/31/23 16:24	SM 2510 B		BEJ1088
Electrical Conductivity umhos	**192**	umhos/cm	10.0	1		10/31/23 16:24	SM 2510 B		BEJ1088
Ammonia (as N)	*	mg/L	0.00	1		10/25/23 06:45	Field		BEJ1097
Nitrate Nitrogen as NO3N	**2.2**	mg/L	0.1	1	10	10/27/23 00:46	EPA 300.0		BEJ1094
Temperature	**25.0**	units	0.0	1		10/31/23 16:24	SM 4500-H+	H	BEJ1088
pH	**8.0**	units	1.0	1		10/31/23 16:24	SM 4500-H+	H	BEJ1088
Kjeldahl Nitrogen (TKN), Total	ND	mg/L	1.00	1		10/30/23 13:16	SM 4500-NH3 C		BEJ1108
Total Nitrogen	**2.15**	mg/L	1.00	1		10/30/23 13:16	SM 4500-NH3 C		BEJ1108

The results in this report apply to the samples as received and were analyzed in accordance with the chain of custody document. This analytical report must be reproduced in its entirety. All results listed in this report are for the exclusive use of the submitting party. Dellavalle Laboratory, Inc. assumes no responsibility for report alteration, separation, detachment or third party interpretation.

DELLAVALLE™
LABORATORY INC

Wagner Dairy
22176 Skiff Rd
Escalon, CA 95320

Account# 00-0026266
Account Manager: Scott Sakamoto
Submitted By: Jeanette Sawyer

Received: 10/26/2023 16:45
Reported: 11/03/2023 10:42

Sample Results
(Continued)

Sample: DW House
23J1792-06 (Water)

Sampled: 10/25/2023 6:45
Sampled By:

Analyte	Result	Units	Reporting Limit	DIL	DW MCL	Date/Time Analyzed	Method	Notes	Batch
Electrical Conductivity	**0.17**	mmhos/cm	0.01	1		10/31/23 16:25	SM 2510 B		BEJ1088
Electrical Conductivity umhos	**174**	umhos/cm	10.0	1		10/31/23 16:25	SM 2510 B		BEJ1088
Ammonia (as N)	*	mg/L	0.00	1		10/25/23 06:45	Field		BEJ1097
Nitrate Nitrogen as NO3N	**1.7**	mg/L	0.1	1	10	10/27/23 01:08	EPA 300.0		BEJ1094
Temperature	**25.0**	units	0.0	1		10/31/23 16:25	SM 4500-H+	H	BEJ1088
pH	**8.0**	units	1.0	1		10/31/23 16:25	SM 4500-H+	H	BEJ1088
Kjeldahl Nitrogen (TKN), Total	ND	mg/L	1.00	1		10/30/23 13:17	SM 4500-NH3 C		BEJ1108
Total Nitrogen	**1.72**	mg/L	1.00	1		10/30/23 13:17	SM 4500-NH3 C		BEJ1108

The results in this report apply to the samples as received and were analyzed in accordance with the chain of custody document. This analytical report must be reproduced in its entirety. All results listed in this report are for the exclusive use of the submitting party. Dellavalle Laboratory, Inc. assumes no responsibility for report alteration, separation, detachment or third party interpretation.

DELLAVALLE™
LABORATORY INC

Wagner Dairy
22176 Skiff Rd
Escalon, CA 95320

Account# 00-0026266
Account Manager: Scott Sakamoto
Submitted By: Jeanette Sawyer

Received: 10/26/2023 16:45
Reported: 11/03/2023 10:42

Sample Results
(Continued)

Sample: DW Shed Carter
23J1792-07 (Water)

Sampled: 10/25/2023 6:45
Sampled By:

Analyte	Result	Units	Reporting Limit	DIL	DW MCL	Date/Time Analyzed	Method	Notes	Batch
Electrical Conductivity	**0.16**	mmhos/cm	0.01	1		10/31/23 16:26	SM 2510 B		BEJ1088
Electrical Conductivity umhos	**162**	umhos/cm	10.0	1		10/31/23 16:26	SM 2510 B		BEJ1088
Ammonia (as N)	*	mg/L	0.00	1		10/25/23 06:45	Field		BEJ1097
Nitrate Nitrogen as NO3N	**1.6**	mg/L	0.1	1	10	10/27/23 01:30	EPA 300.0		BEJ1094
Temperature	**25.0**	units	0.0	1		10/31/23 16:26	SM 4500-H+	H	BEJ1088
pH	**8.0**	units	1.0	1		10/31/23 16:26	SM 4500-H+	H	BEJ1088
Kjeldahl Nitrogen (TKN), Total	ND	mg/L	1.00	1		10/30/23 13:19	SM 4500-NH3 C		BEJ1108
Total Nitrogen	**1.56**	mg/L	1.00	1		10/30/23 13:19	SM 4500-NH3 C		BEJ1108

The results in this report apply to the samples as received and were analyzed in accordance with the chain of custody document. This analytical report must be reproduced in its entirety. All results listed in this report are for the exclusive use of the submitting party. Dellavalle Laboratory, Inc. assumes no responsibility for report alteration, separation, detachment or third party interpretation.

10/26/23 16:45 23J1792

DELLAVALLE LABORATORY, INC.

1910 W. McKinley Avenue, Suite 110 • Fresno, CA 93728
www.dellavallelab.com 559 233-6129 · 800 228-9896 · Fax 559 268-8174

SG

Purchase Order No | Bill To: Acct # 0 26266 | Cons # 13

No. Samples: 7 | No of Bottles: 14

Results Need By

Water Type: [ ] Drinking Water [ ] Wastewater [ ] Ag Water [ ] Groundwater [ ] Monitoring Well

Name: Wagner Dairy
Address: 22176 Skiff Rd
City: Escalon State: CA Zip: 95320
Telephone: 209 838-7547 Fax:
Cell/Email:
COPY TO: F&A Ag Services
&JSawyer@Fragservices.com
REQUESTED BY: Jeanette Sawyer
PROJECT:
CROP:

Other:

Analysis and Bottles Required: (*Please indicate Analysis*)

DWW/ +TC

[ ] Co. Health Dept
[ ] RWQCB [ ] Copy of Chain
[ ] State Forms [ ] QA/QC Documents

Sampled By:

	Description of Samples	Date Sampled	Time Sampled	Rec'd Temp °C	Field EC
1	DW Between Free Stalls	10/25/23	Started 6:45	1.7	
2	Barn			2.9	
3	Facility Carter			1.8	
4	Feed area Dairy			1.8	
5	FLD II			1.0	
6	House			0.9	
7	Shed Carter			1.8	
8					
9					
10					

IR Thermometer SN: 200560723
Correction Factor: 0°C
Calibration Due: 12/22/2023
Location: Laboratory

CHAIN OF CUSTODY

Carrier	Signature	Company	Received (Date/Time)	Relinquished (Date/Time)
First	Jeanette Sawyer	F&R Ag Services		
Second	JLF	DLV	10-26-23 10:00	10-26-23 11:30
Third				
Fourth		DLL	10/26 16:45	

I guarantee that as the client, or on behalf of client named, I have the authority to contract the above requested services. Should it be found that I do not have such authority, I agree to be personally liable for all costs and, if there should be action against me for this breach, reasonable attorneys' fees. It is understood that payment is expected to be cash with samples unless terms have been previously arranged. Terms are net 30 days; overdue accounts will be charged a liquidated damage fee of 2% per month (annually 24%) or $5.00 per month whichever is greater.

If payment is not made when due and a legitimate dispute exists concerning the product or services of Dellavalle Laboratory, Inc., it will be submitted to mediation under the Rules and Procedures of Creative Alternative to Litigation, Inc. (*cal*). If the dispute is not resolved in mediation, then the dispute will be submitted to binding arbitration through *cal* under its Rules and Procedures. The parties will equally bear the costs of mediation/arbitration. If, however, the mediator declares that no legitimate dispute exists, then debtor will pay all mediation and arbitration costs, and in the event of arbitration, reasonable attorneys' fees of Dellavalle Laboratory.

Invoicing Information:
Sampling hrs
Miles
Consulting

Shipping
$ In
$ Out

Amt Paid	Rec By	Check #	Date

Signature
Sample received in cooler with ice (coolant)
[ ] Yes [ ] No

DELLAVALLE™
LABORATORY INC

Wagner Dairy
22176 Skiff Rd
Escalon, CA 95320

Account# 00-0026266
Account Manager: Scott Sakamoto
Submitted By: Jeanette Sawyer

Received: 10/26/2023 16:45
Reported: 11/03/2023 10:48

Samples in this Report

Lab ID	Sample	Matrix	Sampled By	Crop	Date Sampled
23J1794-01	IW 2	Canal Water			10/25/2023 9:00
23J1794-02	IW 4	Canal Water			10/25/2023 9:00
23J1794-03	IW 5	Canal Water			10/25/2023 9:00
23J1794-04	IW 8	Canal Water			10/25/2023 9:00
23J1794-05	IW Middle Carter	Canal Water			10/25/2023 9:00
23J1794-06	IW Orchard 1 Carter	Canal Water			10/25/2023 9:00
23J1794-07	IW Orchard 2 Carter	Canal Water			10/25/2023 9:00
23J1794-08	Canal	Canal Water			10/25/2023 9:00
23J1794-09	Old Lagoon	Canal Water			10/25/2023 9:00

Default Cooler Temperature on Receipt °C: 2.2

Containers Intact
COC/Labels Agree
Preservation Confirmed
Received On Ice

Notes and Definitions

Item	Definition
H	Hold Time Exceeded
MCL	Drinking Water Maximum Contaminant Level
ND	Analyte NOT DETECTED at or above the reporting limit.
NES	Not Enough Sample
*	Not Taken
RPD	Relative Percent Difference
%REC	Percent Recovery
Source	Sample that was matrix spiked or duplicated.

Scott McFriedland

Laboratory Director/Technical Manager

ELAP Certification #1595
A2LA Certification #6440.02

The results in this report apply to the samples as received and were analyzed in accordance with the chain of custody document. This analytical report must be reproduced in its entirety. All results listed in this report are for the exclusive use of the submitting party. Dellavalle Laboratory, Inc. assumes no responsibility for report alteration, separation, detachment or third party interpretation.

1910 W. McKinley Ave Suite 110 Fresno, CA 93728 559-233-6129 www.dellavallelab.com

DELLAVALLE™
LABORATORY INC

Wagner Dairy
22176 Skiff Rd
Escalon, CA 95320

Account# 00-0026266
Account Manager: Scott Sakamoto
Submitted By: Jeanette Sawyer

Received: 10/26/2023 16:45
Reported: 11/03/2023 10:48

Sample Results

Sample: IW 2
23J1794-01 (Water)

Sampled: 10/25/2023 9:00
Sampled By:

Analyte	Result	Units	Reporting Limit	DIL	DW MCL	Date/Time Analyzed	Method	Notes	Batch
Electrical Conductivity	**0.17**	mmhos/cm	0.01	1		10/31/23 16:27	SM 2510 B		BEJ1088
Electrical Conductivity umhos	**169**	umhos/cm	10.0	1		10/31/23 16:27	SM 2510 B		BEJ1088
Nitrate Nitrogen as NO3N	**1.8**	mg/L	0.1	1	10	10/26/23 22:07	EPA 300.0		BEJ1086
Temperature	**25.0**	units	0.0	1		10/31/23 16:27	SM 4500-H+	H	BEJ1088
pH	**7.9**	units	1.0	1		10/31/23 16:27	SM 4500-H+	H	BEJ1088
Total Filterable Solids (TDS)	**130**	mg/L	10.0	1		10/31/23 13:42	SM 2540 C		BEJ1105
Kjeldahl Nitrogen (TKN), Total	ND	mg/L	1.00	1		10/30/23 10:10	SM 4500-NH3 C		BEJ1108
Total Nitrogen	**1.85**	mg/L	1.00	1		10/30/23 10:10	SM 4500-NH3 C		BEJ1108

The results in this report apply to the samples as received and were analyzed in accordance with the chain of custody document. This analytical report must be reproduced in its entirety. All results listed in this report are for the exclusive use of the submitting party. Dellavalle Laboratory, Inc. assumes no responsibility for report alteration, separation, detachment or third party interpretation.

DELLAVALLE™
LABORATORY INC

Wagner Dairy
22176 Skiff Rd
Escalon, CA 95320

Account# 00-0026266
Account Manager: Scott Sakamoto
Submitted By: Jeanette Sawyer

Received: 10/26/2023 16:45
Reported: 11/03/2023 10:48

Sample Results
(Continued)

Sample: IW 4
23J1794-02 (Water)

Sampled: 10/25/2023 9:00
Sampled By:

Analyte	Result	Units	Reporting Limit	DIL	DW MCL	Date/Time Analyzed	Method	Notes	Batch
Electrical Conductivity	**0.16**	mmhos/cm	0.01	1		10/31/23 16:29	SM 2510 B		BEJ1088
Electrical Conductivity umhos	**160**	umhos/cm	10.0	1		10/31/23 16:29	SM 2510 B		BEJ1088
Nitrate Nitrogen as NO3N	**1.7**	mg/L	0.1	1	10	10/26/23 22:28	EPA 300.0		BEJ1086
Temperature	**25.0**	units	0.0	1		10/31/23 16:29	SM 4500-H+	H	BEJ1088
pH	**7.9**	units	1.0	1		10/31/23 16:29	SM 4500-H+	H	BEJ1088
Total Filterable Solids (TDS)	**128**	mg/L	10.0	1		10/31/23 13:42	SM 2540 C		BEJ1105
Kjeldahl Nitrogen (TKN), Total	ND	mg/L	1.00	1		10/30/23 10:11	SM 4500-NH3 C		BEJ1108
Total Nitrogen	**1.87**	mg/L	1.00	1		10/30/23 10:11	SM 4500-NH3 C		BEJ1108

The results in this report apply to the samples as received and were analyzed in accordance with the chain of custody document. This analytical report must be reproduced in its entirety. All results listed in this report are for the exclusive use of the submitting party. Dellavalle Laboratory, Inc. assumes no responsibility for report alteration, separation, detachment or third party interpretation.

DELLAVALLE™
LABORATORY INC

Wagner Dairy
22176 Skiff Rd
Escalon, CA 95320

Account# 00-0026266
Account Manager: Scott Sakamoto
Submitted By: Jeanette Sawyer

Received: 10/26/2023 16:45
Reported: 11/03/2023 10:48

Sample Results
(Continued)

Sample: IW 5
23J1794-03 (Water)

Sampled: 10/25/2023 9:00
Sampled By:

Analyte	Result	Units	Reporting Limit	DIL	DW MCL	Date/Time Analyzed	Method	Notes	Batch
Electrical Conductivity	**0.15**	mmhos/cm	0.01	1		10/31/23 16:30	SM 2510 B		BEJ1088
Electrical Conductivity umhos	**152**	umhos/cm	10.0	1		10/31/23 16:30	SM 2510 B		BEJ1088
Nitrate Nitrogen as NO3N	**1.5**	mg/L	0.1	1	10	10/27/23 01:16	EPA 300.0		BEJ1086
Temperature	**25.0**	units	0.0	1		10/31/23 16:30	SM 4500-H+	H	BEJ1088
pH	**7.9**	units	1.0	1		10/31/23 16:30	SM 4500-H+	H	BEJ1088
Total Filterable Solids (TDS)	**112**	mg/L	10.0	1		10/31/23 13:42	SM 2540 C		BEJ1105
Kjeldahl Nitrogen (TKN), Total	ND	mg/L	1.00	1		10/30/23 10:13	SM 4500-NH3 C		BEJ1108
Total Nitrogen	**1.71**	mg/L	1.00	1		10/30/23 10:13	SM 4500-NH3 C		BEJ1108

The results in this report apply to the samples as received and were analyzed in accordance with the chain of custody document. This analytical report must be reproduced in its entirety. All results listed in this report are for the exclusive use of the submitting party. Dellavalle Laboratory, Inc. assumes no responsibility for report alteration, separation, detachment or third party interpretation.

DELLAVALLE™
LABORATORY INC

Wagner Dairy
22176 Skiff Rd
Escalon, CA 95320

Account# 00-0026266
Account Manager: Scott Sakamoto
Submitted By: Jeanette Sawyer

Received: 10/26/2023 16:45
Reported: 11/03/2023 10:48

Sample Results
(Continued)

Sample: IW 8
23J1794-04 (Water)

Sampled: 10/25/2023 9:00
Sampled By:

Analyte	Result	Units	Reporting Limit	DIL	DW MCL	Date/Time Analyzed	Method	Notes	Batch
Electrical Conductivity	**0.16**	mmhos/cm	0.01	1		10/31/23 16:36	SM 2510 B		BEJ1088
Electrical Conductivity umhos	**165**	umhos/cm	10.0	1		10/31/23 16:36	SM 2510 B		BEJ1088
Nitrate Nitrogen as NO3N	**1.7**	mg/L	0.1	1	10	10/27/23 01:37	EPA 300.0		BEJ1086
Temperature	**25.0**	units	0.0	1		10/31/23 16:36	SM 4500-H+	H	BEJ1088
pH	**7.8**	units	1.0	1		10/31/23 16:36	SM 4500-H+	H	BEJ1088
Total Filterable Solids (TDS)	**126**	mg/L	10.0	1		10/31/23 13:42	SM 2540 C		BEJ1105
Kjeldahl Nitrogen (TKN), Total	ND	mg/L	1.00	1		10/30/23 10:14	SM 4500-NH3 C		BEJ1108
Total Nitrogen	**1.98**	mg/L	1.00	1		10/30/23 10:14	SM 4500-NH3 C		BEJ1108

The results in this report apply to the samples as received and were analyzed in accordance with the chain of custody document. This analytical report must be reproduced in its entirety. All results listed in this report are for the exclusive use of the submitting party. Dellavalle Laboratory, Inc. assumes no responsibility for report alteration, separation, detachment or third party interpretation.

DELLAVALLE™
LABORATORY INC

Wagner Dairy
22176 Skiff Rd
Escalon, CA 95320

Account# 00-0026266
Account Manager: Scott Sakamoto
Submitted By: Jeanette Sawyer

Received: 10/26/2023 16:45
Reported: 11/03/2023 10:48

Sample Results
(Continued)

Sample: IW Middle Carter
23J1794-05 (Water)

Sampled: 10/25/2023 9:00
Sampled By:

Analyte	Result	Units	Reporting Limit	DIL	DW MCL	Date/Time Analyzed	Method	Notes	Batch
Electrical Conductivity	**0.16**	mmhos/cm	0.01	1		10/31/23 16:38	SM 2510 B		BEJ1088
Electrical Conductivity umhos	**160**	umhos/cm	10.0	1		10/31/23 16:38	SM 2510 B		BEJ1088
Nitrate Nitrogen as NO3N	**1.8**	mg/L	0.1	1	10	10/27/23 01:58	EPA 300.0		BEJ1086
Temperature	**25.0**	units	0.0	1		10/31/23 16:38	SM 4500-H+	H	BEJ1088
pH	**7.9**	units	1.0	1		10/31/23 16:38	SM 4500-H+	H	BEJ1088
Total Filterable Solids (TDS)	**124**	mg/L	10.0	1		10/31/23 13:42	SM 2540 C		BEJ1105
Kjeldahl Nitrogen (TKN), Total	ND	mg/L	1.00	1		10/30/23 10:15	SM 4500-NH3 C		BEJ1108
Total Nitrogen	**1.76**	mg/L	1.00	1		10/30/23 10:15	SM 4500-NH3 C		BEJ1108

The results in this report apply to the samples as received and were analyzed in accordance with the chain of custody document. This analytical report must be reproduced in its entirety. All results listed in this report are for the exclusive use of the submitting party. Dellavalle Laboratory, Inc. assumes no responsibility for report alteration, separation, detachment or third party interpretation.

DELLAVALLE™
LABORATORY INC

Wagner Dairy
22176 Skiff Rd
Escalon, CA 95320

Account# 00-0026266
Account Manager: Scott Sakamoto
Submitted By: Jeanette Sawyer

Received: 10/26/2023 16:45
Reported: 11/03/2023 10:48

Sample Results
(Continued)

Sample: IW Orchard 1 Carter
23J1794-06 (Water)

Sampled: 10/25/2023 9:00
Sampled By:

Analyte	Result	Units	Reporting Limit	DIL	DW MCL	Date/Time Analyzed	Method	Notes	Batch
Electrical Conductivity	**0.16**	mmhos/cm	0.01	1		10/31/23 16:39	SM 2510 B		BEJ1088
Electrical Conductivity umhos	**161**	umhos/cm	10.0	1		10/31/23 16:39	SM 2510 B		BEJ1088
Nitrate Nitrogen as NO3N	**1.7**	mg/L	0.1	1	10	10/27/23 02:19	EPA 300.0		BEJ1086
Temperature	**25.0**	units	0.0	1		10/31/23 16:39	SM 4500-H+	H	BEJ1088
pH	**7.9**	units	1.0	1		10/31/23 16:39	SM 4500-H+	H	BEJ1088
Total Filterable Solids (TDS)	**120**	mg/L	10.0	1		10/31/23 13:42	SM 2540 C		BEJ1105
Kjeldahl Nitrogen (TKN), Total	ND	mg/L	1.00	1		10/30/23 10:17	SM 4500-NH3 C		BEJ1108
Total Nitrogen	**1.79**	mg/L	1.00	1		10/30/23 10:17	SM 4500-NH3 C		BEJ1108

The results in this report apply to the samples as received and were analyzed in accordance with the chain of custody document. This analytical report must be reproduced in its entirety. All results listed in this report are for the exclusive use of the submitting party. Dellavalle Laboratory, Inc. assumes no responsibility for report alteration, separation, detachment or third party interpretation.

DELLAVALLE™
LABORATORY INC

Wagner Dairy
22176 Skiff Rd
Escalon, CA 95320

Account# 00-0026266
Account Manager: Scott Sakamoto
Submitted By: Jeanette Sawyer

Received: 10/26/2023 16:45
Reported: 11/03/2023 10:48

Sample Results
(Continued)

Sample: IW Orchard 2 Carter
23J1794-07 (Water)

Sampled: 10/25/2023 9:00
Sampled By:

Analyte	Result	Units	Reporting Limit	DIL	DW MCL	Date/Time Analyzed	Method	Notes	Batch
Electrical Conductivity	**0.15**	mmhos/cm	0.01	1		10/31/23 16:40	SM 2510 B		BEJ1088
Electrical Conductivity umhos	**152**	umhos/cm	10.0	1		10/31/23 16:40	SM 2510 B		BEJ1088
Nitrate Nitrogen as NO3N	**1.5**	mg/L	0.1	1	10	10/27/23 02:40	EPA 300.0		BEJ1086
Temperature	**25.0**	units	0.0	1		10/31/23 16:40	SM 4500-H+	H	BEJ1088
pH	**7.9**	units	1.0	1		10/31/23 16:40	SM 4500-H+	H	BEJ1088
Total Filterable Solids (TDS)	**118**	mg/L	10.0	1		10/31/23 13:42	SM 2540 C		BEJ1105
Kjeldahl Nitrogen (TKN), Total	ND	mg/L	1.00	1		10/30/23 10:18	SM 4500-NH3 C		BEJ1108
Total Nitrogen	**1.87**	mg/L	1.00	1		10/30/23 10:18	SM 4500-NH3 C		BEJ1108

The results in this report apply to the samples as received and were analyzed in accordance with the chain of custody document. This analytical report must be reproduced in its entirety. All results listed in this report are for the exclusive use of the submitting party. Dellavalle Laboratory, Inc. assumes no responsibility for report alteration, separation, detachment or third party interpretation.

DELLAVALLE™
LABORATORY INC

Wagner Dairy
22176 Skiff Rd
Escalon, CA 95320

Account# 00-0026266
Account Manager: Scott Sakamoto
Submitted By: Jeanette Sawyer

Received: 10/26/2023 16:45
Reported: 11/03/2023 10:48

Sample Results
(Continued)

Sample: Canal
23J1794-08 (Water)

Sampled: 10/25/2023 9:00
Sampled By:

Analyte	Result	Units	Reporting Limit	DIL	DW MCL	Date/Time Analyzed	Method	Notes	Batch
Electrical Conductivity	**0.06**	mmhos/cm	0.01	1		10/31/23 16:41	SM 2510 B		BEJ1088
Electrical Conductivity umhos	**62.1**	umhos/cm	10.0	1		10/31/23 16:41	SM 2510 B		BEJ1088
Nitrate Nitrogen as NO3N	ND	mg/L	0.1	1	10	10/27/23 03:01	EPA 300.0		BEJ1086
Temperature	**25.0**	units	0.0	1		10/31/23 16:41	SM 4500-H+	H	BEJ1088
pH	**7.6**	units	1.0	1		10/31/23 16:41	SM 4500-H+	H	BEJ1088
Total Filterable Solids (TDS)	**46.0**	mg/L	10.0	1		10/31/23 13:42	SM 2540 C		BEJ1105
Kjeldahl Nitrogen (TKN), Total	ND	mg/L	1.00	1		10/30/23 10:20	SM 4500-NH3 C		BEJ1108
Total Nitrogen	ND	mg/L	1.00	1		10/30/23 10:20	SM 4500-NH3 C		BEJ1108

The results in this report apply to the samples as received and were analyzed in accordance with the chain of custody document. This analytical report must be reproduced in its entirety. All results listed in this report are for the exclusive use of the submitting party. Dellavalle Laboratory, Inc. assumes no responsibility for report alteration, separation, detachment or third party interpretation.

DELLAVALLE™
LABORATORY INC

Wagner Dairy
22176 Skiff Rd
Escalon, CA 95320

Account# 00-0026266
Account Manager: Scott Sakamoto
Submitted By: Jeanette Sawyer

Received: 10/26/2023 16:45
Reported: 11/03/2023 10:48

Sample Results
(Continued)

Sample: Old Lagoon
23J1794-09 (Water)

Sampled: 10/25/2023 9:00
Sampled By:

Analyte	Result	Units	Reporting Limit	DIL	DW MCL	Date/Time Analyzed	Method	Notes	Batch
Electrical Conductivity	**0.18**	mmhos/cm	0.01	1		10/31/23 16:43	SM 2510 B		BEJ1088
Electrical Conductivity umhos	**176**	umhos/cm	10.0	1		10/31/23 16:43	SM 2510 B		BEJ1088
Nitrate Nitrogen as NO3N	**2.0**	mg/L	0.1	1	10	10/27/23 03:22	EPA 300.0		BEJ1086
Temperature	**25.0**	units	0.0	1		10/31/23 16:43	SM 4500-H+	H	BEJ1088
pH	**8.0**	units	1.0	1		10/31/23 16:43	SM 4500-H+	H	BEJ1088
Total Filterable Solids (TDS)	**124**	mg/L	10.0	1		10/31/23 13:42	SM 2540 C		BEJ1105
Kjeldahl Nitrogen (TKN), Total	ND	mg/L	1.00	1		10/30/23 10:21	SM 4500-NH3 C		BEJ1108
Total Nitrogen	**2.12**	mg/L	1.00	1		10/30/23 10:21	SM 4500-NH3 C		BEJ1108

The results in this report apply to the samples as received and were analyzed in accordance with the chain of custody document. This analytical report must be reproduced in its entirety. All results listed in this report are for the exclusive use of the submitting party. Dellavalle Laboratory, Inc. assumes no responsibility for report alteration, separation, detachment or third party interpretation.

10/26/23 16:45 23J1794

DELLAVALLE LABORATORY, INC.

1910 W. McKinley Avenue, Suite 110 • Fresno, CA 93728
www.dellavallelab.com 559 233-6129 · 800 228-9896 · Fax 559 268-8174

No. Samples: 9 No of Bottles: 18

Purchase Order No Bill To: Acct # 0 Cons # 13
26266

Results Need By

Name: Wagner Dairy
Address: 22176 S Kiff Rd
City: Escalon State: CA Zip: 95320
Telephone: 209 838-7547 Fax:
Cell/Email:
COPY TO: F&A Ag Services
& JSawyer@Fragservices.com
REQUESTED BY: Jeanette Sawyer
PROJECT:
CROP:

Water Type: [ ] Drinking Water [ ] Wastewater
[ ] Ag Water [ ] Groundwater [ ] Monitoring Well

Other:

Analysis and Bottles Required: (Please indicate Analysis)
DCW1 + Tl

[ ] Co. Health Dept
[ ] RWQCB [ ] Copy of Chain
[ ] State Forms [ ] QA/QC Documents

Sampled By:

	Description of Samples	Date Sampled	Time Sampled	Rec'd Temp °C	Field EC
1	IW 2	10/25/23	Started 9 AM	2.2	
2	4			-0.1	
3	5			0.1	
4	8			0.4	
5	Middle Carter			1.0	
6	Orchard 1 Carter			2.3	
7	Orchard 2 Carter			2.2	
8	Canal			3.7	
9	Old Lagoon			0.6	
10					

CHAIN OF CUSTODY

Carrier	Signature	Company	Received (Date/Time)	Relinquished (Date/Time)
First	Jeanette Sawyer	F&R Ag Services		
Second	JLF	DLW	10-26-23 10:00	10-26-23 4:30
Third				
Fourth	[illegible]	DLL	10/26 1625	

I guarantee that as the client, or on behalf of client named, I have the authority to contract the above requested services. Should it be found that I do not have such authority, I agree to be personally liable for all costs and, if there should be action against me for this breach, reasonable attorneys' fees. It is understood that payment [illegible] been previously arranged. Terms are net 30 days; overdue accounts will be charged a liquidated damage fee of 2% per month (annually 24%) or $5.[illegible] If payment is not made when due and a legitimate dispute exists concerning the product or services of Dellavalle Laborat[illegible] Rules and Procedures of Creative Alternative to Litigation, Inc. (*cal*). If the dispute is not resolved in mediation, then the dispute will be submitted to bind[illegible] [illegible]ures. The parties will equally bear the costs of mediation/arbitration. If, however, the mediator declares that no legitimate dispute exists, then debtor will pay all mediation and arbitration costs, and in the event of arbitration, reasonable attorneys' fees of Dellavalle Laboratory.

IR Thermometer SN: 200560723
Correction Factor: 0°C
Calibration Due: 12/22/2023
Location: Laboratory

Invoicing Information:
Sampling hrs
Miles
Consulting

Shipping
$ In
$ Out

Amt Paid	Rec By	Check #	Date

Signature
Sample received in cooler with ice (coolant)
[ ] Yes [ ] No

2023 Annual Report - Wagner Dairy LP

Final Audit Report 2024-06-27

Created:	2024-06-27
By:	Vince Furtado (vfurtado@fragservices.com)
Status:	Signed
Transaction ID:	CBJCHBCAABAAwgfZxXKiMdHkioogg5JPq34sEdrU-lSH

"2023 Annual Report - Wagner Dairy LP" History

Document created by Vince Furtado (vfurtado@fragservices.com)
2024-06-27 - 1:46:22 PM GMT

Document emailed to wagnerdairylp@yahoo.com for signature
2024-06-27 - 1:48:37 PM GMT

Email viewed by wagnerdairylp@yahoo.com
2024-06-27 - 2:25:25 PM GMT

Signer wagnerdairylp@yahoo.com entered name at signing as Dustin Wagner
2024-06-27 - 2:37:52 PM GMT

Document e-signed by Dustin Wagner (wagnerdairylp@yahoo.com)
Signature Date: 2024-06-27 - 2:37:54 PM GMT - Time Source: server

Agreement completed.
2024-06-27 - 2:37:54 PM GMT