Annual Report - General Order No. R5-2007-0035
Reporting period 01/01/2023 to 12/31/2023.

DAIRY FACILITY INFORMATION

A. NAME OF DAIRY OR BUSINESS OPERATING THE DAIRY: California Dairy Farms - Stevinson (Formerly River Rock Ranch, LLC)

Physical address of dairy:

22846 Second AVE	Stevinson	Merced	95374
Number and Street	City	County	Zip Code

Street and nearest cross street (if no address):

Date facility was originally placed in operation: 01/01/1955

Regional Water Quality Control Board Basin Plan designation: San Joaquin River Basin

County Assessor Parcel Number(s) for dairy facility:

X055-X110-X039-XXXX

B. OPERATORS

California Dairy Farms, LLC

Operator name: California Dairy Farms, LLC

Telephone no.: (209) 285-0001 (Landline) (Cellular)

6071 N Larson	Hilmar	CA	95324
Mailing Address Number and Street	City	State	Zip Code

This operator is responsible for paying permit fees.

C. OWNERS

River Rock Ranch, LLC

Legal owner name: River Rock Ranch, LLC

Telephone no.: (209) 285-0001 (Landline) (Cellular)

P.O. Box 1090	Hilmar	CA	95324
Mailing Address Number and Street	City	State	Zip Code

Annual Report - General Order No. R5-2007-0035
Reporting period 01/01/2023 to 12/31/2023.

AVAILABLE NUTRIENTS

A. HERD INFORMATION

	Milk Cows	Dry Cows	Bred Heifers (15-24 mo.)	Heifers (7-14 mo. to breeding)	Calves (4-6 mo.)	Calves (0-3 mo.)
Number open confinement	0	0	0	0	0	0
Number under roof	1,305	95	385	0	443	123
Maximum number	1,305	95	385	0	443	123
Average number	1,089	79	319	0	368	103
Avg live weight (lbs)	1,200	1,400	900	0		

Predominant milk cow breed: Jersey-Holstein Cross

Average milk production: 61 *pounds per cow per day*

B. MANURE GENERATED

Total manure excreted by the herd: 32,778.66 *tons per reporting period*

Total nitrogen from manure: 418,948.39 *lbs per reporting period*

After ammonia losses (30% loss applied): 293,263.87 *lbs per reporting period*

Total phosphorus from manure: 67,793.97 *lbs per reporting period*

Total potassium from manure: 202,114.29 *lbs per reporting period*

Total salt from manure: 530,921.70 *lbs per reporting period*

C. PROCESS WASTEWATER GENERATED

Process wastewater generated: 36,113,700 *gallons*

Total nitrogen generated: 123,450.41 *lbs*

Total phosphorus generated: 29,892.59 *lbs*

Total potassium generated: 166,922.68 *lbs*

Total salt generated: 1,474,736.90 *lbs*

	36,113,700	*gallons applied*
+	0	*gallons exported*
-	0	*gallons imported*
=	36,113,700	*gallons generated*

D. FRESH WATER SOURCES

Source Description	Type
Domestic Well - DW-Barn	Ground water
Domestic Well - DW-Shop	Ground water
Irrigation Water - Canal	Surface water
Irrigation Water - Pump #1	Ground water
Irrigation Water - Pump #2	Ground water

Source Description	Type
Irrigation Water - Pump #7	Ground water

E. SUBSURFACE (TILE) DRAINAGE SOURCES

No subsurface (tile) drainage sources entered.

F. NUTRIENT IMPORTS

No dry manure nutrient imports entered.

No process wastewater nutrient imports entered.

No commercial or other nutrient imports entered.

G. NUTRIENT EXPORTS

No solid nutrient exports entered.

No liquid nutrient exports entered.

APPLICATION AREA

A. LIST OF LAND APPLICATION AREAS

Field name	Controlled acres	Cropable acres	Total harvests	Type of waste applied	Parcel number
40	40	40	2	both	X055-X110-X034-XXXX
Goats	19	19	2	process wastewater	X055-X110-X013-XXXX
Johns	18	18	2	process wastewater	X055-X110-X006-XXXX
Moms	18	18	2	process wastewater	X055-X110-X036-XXXX
RR50	48	48	2	process wastewater	X055-X110-X009-XXXX
RR60	61	61	2	process wastewater	X055-X110-X010-XXXX
Sams	28	28	2	process wastewater	X055-X110-X011-XXXX
Totals for areas that were used for application	232	232	14		
Totals for areas that were not used for application					
Land application area totals	232	232	14		

B. CROPS AND HARVESTS

40

Field name: 40

11/15/2022: Oats, silage-soft dough

Crop: Oats, silage-soft dough Acres planted: 40 Plant date: 11/15/2022

Harvest date	Yield	Reporting basis	Density (lbs/cu ft)	Moisture (%)	N (mg/kg)	P (mg/kg)	K (mg/kg)	Salt (mg/kg)	TFS (%)
05/26/2023	437.50 *ton*	Dry-weight		67.3	21,800.00	3,600.00	28,200.00		10.30

	Yield (tons/acre)	Total N (lbs/acre)	Total P (lbs/acre)	Total K (lbs/acre)	Salt (lbs/acre)
Anticipated harvest content	16.00	160.00	25.60	132.80	0.00
Total actual harvest content	10.94	155.94	25.75	201.72	736.77

40

06/14/2023: Corn, silage

Crop: Corn, silage Acres planted: 40 Plant date: 06/14/2023

Harvest date	Yield	Reporting basis	Density (lbs/cu ft)	Moisture (%)	N (mg/kg)	P (mg/kg)	K (mg/kg)	Salt (mg/kg)	TFS (%)
10/06/2023	1,041.20 *ton*	Dry-weight		63.2	13,700.00	2,300.00	16,500.00		5.40

	Yield (tons/acre)	Total N (lbs/acre)	Total P (lbs/acre)	Total K (lbs/acre)	Salt (lbs/acre)
Anticipated harvest content	30.00	240.00	45.00	198.00	0.00
Total actual harvest content	26.03	262.47	44.06	316.11	1,034.54

Goats

Field name: Goats

11/19/2022: Oats, silage-soft dough

Crop: Oats, silage-soft dough Acres planted: 19 Plant date: 11/19/2022

Harvest date	Yield	Reporting basis	Density (lbs/cu ft)	Moisture (%)	N (mg/kg)	P (mg/kg)	K (mg/kg)	Salt (mg/kg)	TFS (%)
05/26/2023	223.52 *ton*	Dry-weight		67.5	19,900.00	3,300.00	25,900.00		10.40

	Yield (tons/acre)	Total N (lbs/acre)	Total P (lbs/acre)	Total K (lbs/acre)	Salt (lbs/acre)
Anticipated harvest content	16.00	160.00	25.60	132.80	0.00
Total actual harvest content	11.76	152.17	25.23	198.05	795.26

06/12/2023: Corn, silage

Crop: Corn, silage Acres planted: 19 Plant date: 06/12/2023

Harvest date	Yield	Reporting basis	Density (lbs/cu ft)	Moisture (%)	N (mg/kg)	P (mg/kg)	K (mg/kg)	Salt (mg/kg)	TFS (%)
10/06/2023	497.30 *ton*	Dry-weight		62.0	13,200.00	2,800.00	16,200.00		4.70

	Yield (tons/acre)	Total N (lbs/acre)	Total P (lbs/acre)	Total K (lbs/acre)	Salt (lbs/acre)
Anticipated harvest content	30.00	240.00	45.00	198.00	0.00
Total actual harvest content	26.17	262.57	55.70	322.25	934.92

Johns

Field name: Johns

11/16/2022: Oats, silage-soft dough

Crop: Oats, silage-soft dough Acres planted: 18 Plant date: 11/16/2022

Harvest date	Yield	Reporting basis	Density (lbs/cu ft)	Moisture (%)	N (mg/kg)	P (mg/kg)	K (mg/kg)	Salt (mg/kg)	TFS (%)
05/26/2023	189.52 *ton*	Dry-weight		68.5	23,500.00	4,000.00	28,300.00		11.80

	Yield (tons/acre)	Total N (lbs/acre)	Total P (lbs/acre)	Total K (lbs/acre)	Salt (lbs/acre)
Anticipated harvest content	16.00	160.00	25.60	132.80	0.00
Total actual harvest content	10.53	155.88	26.53	187.72	782.72

06/24/2023: Corn, silage

Crop: Corn, silage Acres planted: 18 Plant date: 06/24/2023

Harvest date	Yield	Reporting basis	Density (lbs/cu ft)	Moisture (%)	N (mg/kg)	P (mg/kg)	K (mg/kg)	Salt (mg/kg)	TFS (%)
10/06/2023	472.52 *ton*	Dry-weight		62.0	12,800.00	2,900.00	15,200.00		5.10

	Yield (tons/acre)	Total N (lbs/acre)	Total P (lbs/acre)	Total K (lbs/acre)	Salt (lbs/acre)
Anticipated harvest content	30.00	240.00	45.00	198.00	0.00
Total actual harvest content	26.25	255.37	57.86	303.25	1,017.49

Moms

Field name: Moms

11/15/2022: Oats, silage-soft dough

Crop: Oats, silage-soft dough Acres planted: 18 Plant date: 11/15/2022

Harvest date	Yield	Reporting basis	Density (lbs/cu ft)	Moisture (%)	N (mg/kg)	P (mg/kg)	K (mg/kg)	Salt (mg/kg)	TFS (%)
05/26/2023	206.53 *ton*	Dry-weight		66.4	20,500.00	3,600.00	28,400.00		10.30

	Yield (tons/acre)	Total N (lbs/acre)	Total P (lbs/acre)	Total K (lbs/acre)	Salt (lbs/acre)
Anticipated harvest content	16.00	176.00	25.60	132.80	0.00
Total actual harvest content	11.47	158.06	27.76	218.98	794.18

Moms

06/14/2023: Corn, silage

Crop: Corn, silage Acres planted: 18 Plant date: 06/14/2023

Harvest date	Yield	Reporting basis	Density (lbs/cu ft)	Moisture (%)	N (mg/kg)	P (mg/kg)	K (mg/kg)	Salt (mg/kg)	TFS (%)
10/06/2023	468.52 *ton*	Dry-weight		61.4	12,700.00	2,200.00	13,600.00		3.10

	Yield (tons/acre)	Total N (lbs/acre)	Total P (lbs/acre)	Total K (lbs/acre)	Salt (lbs/acre)
Anticipated harvest content	30.00	240.00	45.00	198.00	0.00
Total actual harvest content	26.03	255.20	44.21	273.28	622.92

RR50

Field name: RR50

11/17/2022: Oats, silage-soft dough

Crop: Oats, silage-soft dough Acres planted: 48 Plant date: 11/17/2022

Harvest date	Yield	Reporting basis	Density (lbs/cu ft)	Moisture (%)	N (mg/kg)	P (mg/kg)	K (mg/kg)	Salt (mg/kg)	TFS (%)
05/26/2023	602.32 *ton*	Dry-weight		66.7	19,000.00	3,700.00	29,400.00		10.80

	Yield (tons/acre)	Total N (lbs/acre)	Total P (lbs/acre)	Total K (lbs/acre)	Salt (lbs/acre)
Anticipated harvest content	16.00	160.00	25.60	132.80	0.00
Total actual harvest content	12.55	158.79	30.92	245.70	902.58

06/24/2023: Corn, silage

Crop: Corn, silage Acres planted: 48 Plant date: 06/24/2023

Harvest date	Yield	Reporting basis	Density (lbs/cu ft)	Moisture (%)	N (mg/kg)	P (mg/kg)	K (mg/kg)	Salt (mg/kg)	TFS (%)
10/06/2023	1,286.32 *ton*	Dry-weight		63.4	13,600.00	1,000.00	9,000.00		6.00

	Yield (tons/acre)	Total N (lbs/acre)	Total P (lbs/acre)	Total K (lbs/acre)	Salt (lbs/acre)
Anticipated harvest content	30.00	240.00	45.00	198.00	0.00
Total actual harvest content	26.80	266.78	19.62	176.55	1,176.98

RR60

Field name: RR60

11/17/2022: Oats, silage-soft dough

Crop: Oats, silage-soft dough Acres planted: 61 Plant date: 11/17/2022

Harvest date	Yield	Reporting basis	Density (lbs/cu ft)	Moisture (%)	N (mg/kg)	P (mg/kg)	K (mg/kg)	Salt (mg/kg)	TFS (%)
05/26/2023	612.32 *ton*	Dry-weight		67.5	23,200.00	4,100.00	30,300.00		10.70

	Yield (tons/acre)	Total N (lbs/acre)	Total P (lbs/acre)	Total K (lbs/acre)	Salt (lbs/acre)
Anticipated harvest content	16.00	160.00	25.60	132.80	0.00
Total actual harvest content	10.04	151.37	26.75	197.70	698.15

06/24/2023: Corn, silage

Crop: Corn, silage Acres planted: 61 Plant date: 06/24/2023

Harvest date	Yield	Reporting basis	Density (lbs/cu ft)	Moisture (%)	N (mg/kg)	P (mg/kg)	K (mg/kg)	Salt (mg/kg)	TFS (%)
10/06/2023	1,623.20 *ton*	Dry-weight		62.6	13,000.00	2,400.00	17,900.00		5.40

	Yield (tons/acre)	Total N (lbs/acre)	Total P (lbs/acre)	Total K (lbs/acre)	Salt (lbs/acre)
Anticipated harvest content	30.00	240.00	45.00	198.00	0.00
Total actual harvest content	26.61	258.75	47.77	356.28	1,074.82

Sams

Field name: Sams

11/19/2022: Oats, silage-soft dough

Crop: Oats, silage-soft dough Acres planted: 28 Plant date: 11/19/2022

Harvest date	Yield	Reporting basis	Density (lbs/cu ft)	Moisture (%)	N (mg/kg)	P (mg/kg)	K (mg/kg)	Salt (mg/kg)	TFS (%)
05/26/2023	290.30 *ton*	Dry-weight		67.8	23,600.00	3,100.00	28,400.00		11.30

	Yield (tons/acre)	Total N (lbs/acre)	Total P (lbs/acre)	Total K (lbs/acre)	Salt (lbs/acre)
Anticipated harvest content	16.00	160.00	25.60	132.80	0.00
Total actual harvest content	10.37	157.57	20.70	189.62	754.49

Sams

06/11/2023: Corn, silage

Crop: Corn, silage Acres planted: 28 Plant date: 06/11/2023

Harvest date	Yield	Reporting basis	Density (lbs/cu ft)	Moisture (%)	N (mg/kg)	P (mg/kg)	K (mg/kg)	Salt (mg/kg)	TFS (%)
10/06/2023	728.56 *ton*	Dry-weight		63.9	14,300.00	2,800.00	19,700.00		6.00

	Yield (tons/acre)	Total N (lbs/acre)	Total P (lbs/acre)	Total K (lbs/acre)	Salt (lbs/acre)
Anticipated harvest content	30.00	240.00	45.00	198.00	0.00
Total actual harvest content	26.02	268.65	52.60	370.09	1,127.19

NUTRIENT BUDGET

A. LAND APPLICATIONS

40 - 11/15/2022: Oats, silage-soft dough

Field name: 40

Crop: Oats, silage-soft dough

Plant date: 11/15/2022

Application date	Application method	Precipitation 24 hours prior	Precipitation during application	Precipitation 24 hours following
02/03/2023	Surface (irrigation)	No precipitation	No precipitation	No precipitation

Source description	Material type	N (lbs/acre)	P (lbs/acre)	K (lbs/acre)	Salt (lbs/acre)	Amount
Lagoon Water	Process wastewater	14.74	8.38	61.70	468.47	406,800.00 *gal*
Irrigation Water - Pump #7	Ground water	0.00	0.00	0.00	313.96	1,433,250.00 *gal*
Application event totals		14.74	8.38	61.70	782.44	

03/18/2023	Surface (irrigation)	No precipitation	No precipitation	No precipitation

Source description	Material type	N (lbs/acre)	P (lbs/acre)	K (lbs/acre)	Salt (lbs/acre)	Amount
Lagoon Water	Process wastewater	17.76	10.09	74.33	564.35	490,050.00 *gal*
Irrigation Water - Pump #7	Ground water	0.00	0.00	0.00	302.30	1,380,000.00 *gal*
Application event totals		17.76	10.09	74.33	866.64	

04/21/2023	Surface (irrigation)	No precipitation	No precipitation	No precipitation

Source description	Material type	N (lbs/acre)	P (lbs/acre)	K (lbs/acre)	Salt (lbs/acre)	Amount
Lagoon Water	Process wastewater	64.20	13.11	70.82	661.27	576,300.00 *gal*
Irrigation Water - Canal	Surface water	0.00	0.00	0.00	11.20	2,064,630.00 *gal*
Application event totals		64.20	13.11	70.82	672.47	

10/31/2023	Broadcast/incorporate	No precipitation	No precipitation	No precipitation

Source description	Material type	N (lbs/acre)	P (lbs/acre)	K (lbs/acre)	Salt (lbs/acre)	Amount
Solid Manure	Corral solids	109.97	46.93	107.60	0.00	100.00 *ton*
Application event totals		109.97	46.93	107.60	0.00	

40 - 06/14/2023: Corn, silage

40 - 06/14/2023: Corn, silage

Field name: 40

Crop: Corn, silage

Plant date: 06/14/2023

Application date	Application method	Precipitation 24 hours prior	Precipitation during application	Precipitation 24 hours following
05/30/2023	Surface (irrigation)	No precipitation	No precipitation	No precipitation

Source description	Material type	N (lbs/acre)	P (lbs/acre)	K (lbs/acre)	Salt (lbs/acre)	Amount
Lagoon Water	Process wastewater	45.67	10.36	42.22	450.40	674,650.00 *gal*
Irrigation Water - Canal	Surface water	0.00	0.00	0.00	16.62	3,063,282.00 *gal*
Application event totals		45.67	10.36	42.22	467.01	

Application date	Application method	Precipitation 24 hours prior	Precipitation during application	Precipitation 24 hours following
07/05/2023	Surface (irrigation)	No precipitation	No precipitation	No precipitation

Source description	Material type	N (lbs/acre)	P (lbs/acre)	K (lbs/acre)	Salt (lbs/acre)	Amount
Irrigation Water - Canal	Surface water	0.00	0.00	0.00	17.88	3,296,675.00 *gal*
Application event totals		0.00	0.00	0.00	17.88	

Application date	Application method	Precipitation 24 hours prior	Precipitation during application	Precipitation 24 hours following
07/19/2023	Surface (irrigation)	No precipitation	No precipitation	No precipitation

Source description	Material type	N (lbs/acre)	P (lbs/acre)	K (lbs/acre)	Salt (lbs/acre)	Amount
Lagoon Water	Process wastewater	63.45	12.95	69.98	653.47	569,500.00 *gal*
Irrigation Water - Canal	Surface water	0.00	0.00	0.00	13.77	2,538,148.00 *gal*
Application event totals		63.45	12.95	69.98	667.23	

Application date	Application method	Precipitation 24 hours prior	Precipitation during application	Precipitation 24 hours following
07/29/2023	Surface (irrigation)	No precipitation	No precipitation	No precipitation

Source description	Material type	N (lbs/acre)	P (lbs/acre)	K (lbs/acre)	Salt (lbs/acre)	Amount
Irrigation Water - Canal	Surface water	0.00	0.00	0.00	15.98	2,946,585.00 *gal*
Application event totals		0.00	0.00	0.00	15.98	

Application date	Application method	Precipitation 24 hours prior	Precipitation during application	Precipitation 24 hours following
08/07/2023	Surface (irrigation)	No precipitation	No precipitation	No precipitation

Source description	Material type	N (lbs/acre)	P (lbs/acre)	K (lbs/acre)	Salt (lbs/acre)	Amount
Lagoon Water	Process wastewater	116.39	19.65	104.13	726.36	585,150.00 *gal*
Irrigation Water - Canal	Surface water	0.00	0.00	0.00	14.40	2,654,844.00 *gal*
Application event totals		116.39	19.65	104.13	740.76	

40 - 06/14/2023: Corn, silage

Application date	Application method	Precipitation 24 hours prior	Precipitation during application	Precipitation 24 hours following
08/17/2023	Surface (irrigation)	No precipitation	No precipitation	No precipitation

Source description	Material type	N (lbs/acre)	P (lbs/acre)	K (lbs/acre)	Salt (lbs/acre)	Amount
Irrigation Water - Canal	Surface water	0.00	0.00	0.00	14.72	2,713,192.00 *gal*
Application event totals		0.00	0.00	0.00	14.72	

Application date	Application method	Precipitation 24 hours prior	Precipitation during application	Precipitation 24 hours following
08/26/2023	Surface (irrigation)	No precipitation	No precipitation	No precipitation

Source description	Material type	N (lbs/acre)	P (lbs/acre)	K (lbs/acre)	Salt (lbs/acre)	Amount
Lagoon Water	Process wastewater	58.49	11.94	64.51	602.40	525,000.00 *gal*
Irrigation Water - Canal	Surface water	0.00	0.00	0.00	12.50	2,304,755.00 *gal*
Application event totals		58.49	11.94	64.51	614.91	

Application date	Application method	Precipitation 24 hours prior	Precipitation during application	Precipitation 24 hours following
09/07/2023	Surface (irrigation)	No precipitation	No precipitation	No precipitation

Source description	Material type	N (lbs/acre)	P (lbs/acre)	K (lbs/acre)	Salt (lbs/acre)	Amount
Lagoon Water	Process wastewater	62.42	12.74	68.84	642.85	560,250.00 *gal*
Irrigation Water - Canal	Surface water	0.00	0.00	0.00	11.71	2,158,884.00 *gal*
Application event totals		62.42	12.74	68.84	654.56	

Goats - 11/19/2022: Oats, silage-soft dough

Field name: Goats

Crop: Oats, silage-soft dough

Plant date: 11/19/2022

Application date	Application method	Precipitation 24 hours prior	Precipitation during application	Precipitation 24 hours following
02/04/2023	Surface (irrigation)	No precipitation	No precipitation	No precipitation

Source description	Material type	N (lbs/acre)	P (lbs/acre)	K (lbs/acre)	Salt (lbs/acre)	Amount
Lagoon Water	Process wastewater	51.84	11.76	47.93	881.89	363,750.00 *gal*
Irrigation Water - Pump #7	Ground water	0.00	0.00	0.00	175.25	380,000.00 *gal*
Application event totals		51.84	11.76	47.93	1,057.14	

Goats - 11/19/2022: Oats, silage-soft dough

Application date	Application method	Precipitation 24 hours prior	Precipitation during application	Precipitation 24 hours following
03/18/2023	Surface (irrigation)	No precipitation	No precipitation	No precipitation

Source description	Material type	N (lbs/acre)	P (lbs/acre)	K (lbs/acre)	Salt (lbs/acre)	Amount
Lagoon Water	Process wastewater	83.59	17.06	92.20	860.94	356,400.00 *gal*
Irrigation Water - Canal	Surface water	0.00	0.00	0.00	17.68	1,548,472.00 *gal*
Application event totals		83.59	17.06	92.20	878.62	

Application date	Application method	Precipitation 24 hours prior	Precipitation during application	Precipitation 24 hours following
04/16/2023	Surface (irrigation)	No precipitation	No precipitation	No precipitation

Source description	Material type	N (lbs/acre)	P (lbs/acre)	K (lbs/acre)	Salt (lbs/acre)	Amount
Lagoon Water	Process wastewater	64.38	13.14	71.01	663.10	274,500.00 *gal*
Irrigation Water - Canal	Surface water	0.00	0.00	0.00	12.51	1,095,151.00 *gal*
Application event totals		64.38	13.14	71.01	675.60	

Goats - 06/12/2023: Corn, silage

Field name: Goats

Crop: Corn, silage

Plant date: 06/12/2023

Application date	Application method	Precipitation 24 hours prior	Precipitation during application	Precipitation 24 hours following
05/30/2023	Surface (irrigation)	No precipitation	No precipitation	No precipitation

Source description	Material type	N (lbs/acre)	P (lbs/acre)	K (lbs/acre)	Salt (lbs/acre)	Amount
Lagoon Water	Process wastewater	29.18	16.58	122.13	927.35	382,500.00 *gal*
Irrigation Water - Canal	Surface water	0.00	0.00	0.00	17.66	1,546,228.00 *gal*
Application event totals		29.18	16.58	122.13	945.01	

Application date	Application method	Precipitation 24 hours prior	Precipitation during application	Precipitation 24 hours following
07/04/2023	Surface (irrigation)	No precipitation	No precipitation	No precipitation

Source description	Material type	N (lbs/acre)	P (lbs/acre)	K (lbs/acre)	Salt (lbs/acre)	Amount
Lagoon Water	Process wastewater	27.48	15.61	115.00	873.16	360,150.00 *gal*
Irrigation Water - Canal	Surface water	0.00	0.00	0.00	18.32	1,604,576.00 *gal*
Application event totals		27.48	15.61	115.00	891.49	

Goats - 06/12/2023: Corn, silage

Application date	Application method	Precipitation 24 hours prior	Precipitation during application	Precipitation 24 hours following
07/18/2023	Surface (irrigation)	No precipitation	No precipitation	No precipitation

Source description	Material type	N (lbs/acre)	P (lbs/acre)	K (lbs/acre)	Salt (lbs/acre)	Amount
Irrigation Water - Canal	Surface water	0.00	0.00	0.00	16.99	1,487,880.00 *gal*
Application event totals		0.00	0.00	0.00	16.99	

Application date	Application method	Precipitation 24 hours prior	Precipitation during application	Precipitation 24 hours following
07/29/2023	Surface (irrigation)	No precipitation	No precipitation	No precipitation

Source description	Material type	N (lbs/acre)	P (lbs/acre)	K (lbs/acre)	Salt (lbs/acre)	Amount
Lagoon Water	Process wastewater	67.69	13.82	74.66	697.16	288,600.00 *gal*
Irrigation Water - Canal	Surface water	0.00	0.00	0.00	16.32	1,429,532.00 *gal*
Application event totals		67.69	13.82	74.66	713.48	

Application date	Application method	Precipitation 24 hours prior	Precipitation during application	Precipitation 24 hours following
08/07/2023	Surface (irrigation)	No precipitation	No precipitation	No precipitation

Source description	Material type	N (lbs/acre)	P (lbs/acre)	K (lbs/acre)	Salt (lbs/acre)	Amount
Lagoon Water	Process wastewater	52.70	11.95	48.72	519.67	369,750.00 *gal*
Irrigation Water - Canal	Surface water	0.00	0.00	0.00	14.33	1,254,487.00 *gal*
Application event totals		52.70	11.95	48.72	534.00	

Application date	Application method	Precipitation 24 hours prior	Precipitation during application	Precipitation 24 hours following
08/16/2023	Surface (irrigation)	No precipitation	No precipitation	No precipitation

Source description	Material type	N (lbs/acre)	P (lbs/acre)	K (lbs/acre)	Salt (lbs/acre)	Amount
Irrigation Water - Canal	Surface water	0.00	0.00	0.00	18.32	1,604,576.00 *gal*
Application event totals		0.00	0.00	0.00	18.32	

Application date	Application method	Precipitation 24 hours prior	Precipitation during application	Precipitation 24 hours following
08/25/2023	Surface (irrigation)	No precipitation	No precipitation	No precipitation

Source description	Material type	N (lbs/acre)	P (lbs/acre)	K (lbs/acre)	Salt (lbs/acre)	Amount
Lagoon Water	Process wastewater	23.95	13.61	100.25	761.15	313,950.00 *gal*
Irrigation Water - Canal	Surface water	0.00	0.00	0.00	13.66	1,196,139.00 *gal*
Application event totals		23.95	13.61	100.25	774.81	

Goats - 06/12/2023: Corn, silage

Application date	Application method	Precipitation 24 hours prior	Precipitation during application	Precipitation 24 hours following
09/06/2023	Surface (irrigation)	No precipitation	No precipitation	No precipitation

Source description	Material type	N (lbs/acre)	P (lbs/acre)	K (lbs/acre)	Salt (lbs/acre)	Amount
Lagoon Water	Process wastewater	148.05	30.22	163.30	1,524.88	631,250.00 *gal*
Irrigation Water - Canal	Surface water	0.00	0.00	0.00	18.32	1,604,576.00 *gal*
Application event totals		148.05	30.22	163.30	1,543.21	

Johns - 11/16/2022: Oats, silage-soft dough

Field name: Johns

Crop: Oats, silage-soft dough

Plant date: 11/16/2022

Application date	Application method	Precipitation 24 hours prior	Precipitation during application	Precipitation 24 hours following
02/04/2023	Surface (irrigation)	No precipitation	No precipitation	No precipitation

Source description	Material type	N (lbs/acre)	P (lbs/acre)	K (lbs/acre)	Salt (lbs/acre)	Amount
Lagoon Water	Process wastewater	130.34	26.61	143.77	1,342.50	526,500.00 *gal*
Irrigation Water - Pump #7	Ground water	0.00	0.00	0.00	782.76	1,608,000.00 *gal*
Application event totals		130.34	26.61	143.77	2,125.26	

Application date	Application method	Precipitation 24 hours prior	Precipitation during application	Precipitation 24 hours following
03/17/2023	Surface (irrigation)	No precipitation	No precipitation	No precipitation

Source description	Material type	N (lbs/acre)	P (lbs/acre)	K (lbs/acre)	Salt (lbs/acre)	Amount
Lagoon Water	Process wastewater	43.80	24.89	183.32	1,391.91	543,900.00 *gal*
Irrigation Water - Pump #7	Ground water	0.00	0.00	0.00	876.59	1,800,750.00 *gal*
Application event totals		43.80	24.89	183.32	2,268.50	

Application date	Application method	Precipitation 24 hours prior	Precipitation during application	Precipitation 24 hours following
04/20/2023	Surface (irrigation)	No precipitation	No precipitation	No precipitation

Source description	Material type	N (lbs/acre)	P (lbs/acre)	K (lbs/acre)	Salt (lbs/acre)	Amount
Lagoon Water	Process wastewater	37.37	21.24	156.42	1,187.69	464,100.00 *gal*
Irrigation Water - Canal	Surface water	0.00	0.00	0.00	37.01	3,070,014.00 *gal*
Application event totals		37.37	21.24	156.42	1,224.70	

Johns - 06/24/2023: Corn, silage

Johns - 06/24/2023: Corn, silage

Field name: Johns

Crop: Corn, silage

Plant date: 06/24/2023

Application date	Application method	Precipitation 24 hours prior	Precipitation during application	Precipitation 24 hours following
06/02/2023	Surface (irrigation)	No precipitation	No precipitation	No precipitation

Source description	Material type	N (lbs/acre)	P (lbs/acre)	K (lbs/acre)	Salt (lbs/acre)	Amount
Lagoon Water	Process wastewater	65.91	37.45	275.84	2,094.39	818,400.00 *gal*
Irrigation Water - Canal	Surface water	0.00	0.00	0.00	47.47	3,938,505.00 *gal*
Application event totals		65.91	37.45	275.84	2,141.87	

07/06/2023	Surface (irrigation)	No precipitation	No precipitation	No precipitation

Source description	Material type	N (lbs/acre)	P (lbs/acre)	K (lbs/acre)	Salt (lbs/acre)	Amount
Irrigation Water - Canal	Surface water	0.00	0.00	0.00	48.88	4,055,202.00 *gal*
Application event totals		0.00	0.00	0.00	48.88	

07/19/2023	Surface (irrigation)	No precipitation	No precipitation	No precipitation

Source description	Material type	N (lbs/acre)	P (lbs/acre)	K (lbs/acre)	Salt (lbs/acre)	Amount
Lagoon Water	Process wastewater	60.90	34.60	254.89	1,935.34	756,250.00 *gal*
Irrigation Water - Canal	Surface water	0.00	0.00	0.00	51.69	4,288,595.00 *gal*
Application event totals		60.90	34.60	254.89	1,987.04	

07/30/2023	Surface (irrigation)	No precipitation	No precipitation	No precipitation

Source description	Material type	N (lbs/acre)	P (lbs/acre)	K (lbs/acre)	Salt (lbs/acre)	Amount
Lagoon Water	Process wastewater	54.64	31.05	228.69	1,736.37	678,500.00 *gal*
Irrigation Water - Canal	Surface water	0.00	0.00	0.00	35.52	2,946,585.00 *gal*
Application event totals		54.64	31.05	228.69	1,771.89	

08/08/2023	Surface (irrigation)	No precipitation	No precipitation	No precipitation

Source description	Material type	N (lbs/acre)	P (lbs/acre)	K (lbs/acre)	Salt (lbs/acre)	Amount
Lagoon Water	Process wastewater	59.79	33.98	250.26	1,900.16	742,500.00 *gal*
Irrigation Water - Canal	Surface water	0.00	0.00	0.00	40.44	3,355,023.00 *gal*
Application event totals		59.79	33.98	250.26	1,940.60	

Johns - 06/24/2023: Corn, silage

Application date	Application method	Precipitation 24 hours prior	Precipitation during application	Precipitation 24 hours following
08/17/2023	Surface (irrigation)	No precipitation	No precipitation	No precipitation

Source description	Material type	N (lbs/acre)	P (lbs/acre)	K (lbs/acre)	Salt (lbs/acre)	Amount
Irrigation Water - Canal	Surface water	0.00	0.00	0.00	32.70	2,713,192.00 *gal*
Application event totals		0.00	0.00	0.00	32.70	

Application date	Application method	Precipitation 24 hours prior	Precipitation during application	Precipitation 24 hours following
08/26/2023	Surface (irrigation)	No precipitation	No precipitation	No precipitation

Source description	Material type	N (lbs/acre)	P (lbs/acre)	K (lbs/acre)	Salt (lbs/acre)	Amount
Lagoon Water	Process wastewater	56.40	32.05	236.05	1,792.29	700,350.00 *gal*
Irrigation Water - Canal	Surface water	0.00	0.00	0.00	36.22	3,004,934.00 *gal*
Application event totals		56.40	32.05	236.05	1,828.51	

Application date	Application method	Precipitation 24 hours prior	Precipitation during application	Precipitation 24 hours following
09/06/2023	Surface (irrigation)	No precipitation	No precipitation	No precipitation

Source description	Material type	N (lbs/acre)	P (lbs/acre)	K (lbs/acre)	Salt (lbs/acre)	Amount
Lagoon Water	Process wastewater	43.00	24.43	179.98	1,366.58	534,000.00 *gal*
Irrigation Water - Canal	Surface water	0.00	0.00	0.00	37.28	3,092,456.00 *gal*
Application event totals		43.00	24.43	179.98	1,403.85	

Moms - 11/15/2022: Oats, silage-soft dough

Field name: Moms

Crop: Oats, silage-soft dough

Plant date: 11/15/2022

Application date	Application method	Precipitation 24 hours prior	Precipitation during application	Precipitation 24 hours following
03/18/2023	Surface (irrigation)	No precipitation	No precipitation	No precipitation

Source description	Material type	N (lbs/acre)	P (lbs/acre)	K (lbs/acre)	Salt (lbs/acre)	Amount
Lagoon Water	Process wastewater	88.38	18.04	97.48	910.30	357,000.00 *gal*
Irrigation Water - Canal	Surface water	0.00	0.00	0.00	18.15	1,505,833.00 *gal*
Application event totals		88.38	18.04	97.48	928.45	

Moms - 11/15/2022: Oats, silage-soft dough

Application date	Application method	Precipitation 24 hours prior	Precipitation during application	Precipitation 24 hours following
04/17/2023	Surface (irrigation)	No precipitation	No precipitation	No precipitation

Source description	Material type	N (lbs/acre)	P (lbs/acre)	K (lbs/acre)	Salt (lbs/acre)	Amount
Lagoon Water	Process wastewater	118.71	24.23	130.94	1,222.66	479,500.00 *gal*
Irrigation Water - Canal	Surface water	0.00	0.00	0.00	17.10	1,418,311.00 *gal*
Application event totals		118.71	24.23	130.94	1,239.75	

Moms - 06/14/2023: Corn, silage

Field name: Moms

Crop: Corn, silage

Plant date: 06/14/2023

Application date	Application method	Precipitation 24 hours prior	Precipitation during application	Precipitation 24 hours following
05/30/2023	Surface (irrigation)	No precipitation	No precipitation	No precipitation

Source description	Material type	N (lbs/acre)	P (lbs/acre)	K (lbs/acre)	Salt (lbs/acre)	Amount
Lagoon Water	Process wastewater	44.68	10.13	41.31	440.62	297,000.00 *gal*
Irrigation Water - Canal	Surface water	0.00	0.00	0.00	8.79	729,353.00 *gal*
Application event totals		44.68	10.13	41.31	449.41	

Application date	Application method	Precipitation 24 hours prior	Precipitation during application	Precipitation 24 hours following
07/04/2023	Surface (irrigation)	No precipitation	No precipitation	No precipitation

Source description	Material type	N (lbs/acre)	P (lbs/acre)	K (lbs/acre)	Salt (lbs/acre)	Amount
Lagoon Water	Process wastewater	55.08	11.24	60.76	567.34	222,500.00 *gal*
Irrigation Water - Canal	Surface water	0.00	0.00	0.00	14.42	1,196,139.00 *gal*
Application event totals		55.08	11.24	60.76	581.76	

Application date	Application method	Precipitation 24 hours prior	Precipitation during application	Precipitation 24 hours following
07/19/2023	Surface (irrigation)	No precipitation	No precipitation	No precipitation

Source description	Material type	N (lbs/acre)	P (lbs/acre)	K (lbs/acre)	Salt (lbs/acre)	Amount
Lagoon Water	Process wastewater	35.74	8.11	33.05	352.49	237,600.00 *gal*
Irrigation Water - Canal	Surface water	0.00	0.00	0.00	10.20	846,049.00 *gal*
Application event totals		35.74	8.11	33.05	362.69	

Moms - 06/14/2023: Corn, silage

Application date	Application method	Precipitation 24 hours prior	Precipitation during application	Precipitation 24 hours following
07/29/2023	Surface (irrigation)	No precipitation	No precipitation	No precipitation

Source description	Material type	N (lbs/acre)	P (lbs/acre)	K (lbs/acre)	Salt (lbs/acre)	Amount
Lagoon Water	Process wastewater	56.32	11.50	62.12	580.09	227,500.00 *gal*
Irrigation Water - Canal	Surface water	0.00	0.00	0.00	10.20	846,049.00 *gal*
Application event totals		56.32	11.50	62.12	590.29	

08/07/2023	Surface (irrigation)	No precipitation	No precipitation	No precipitation

Source description	Material type	N (lbs/acre)	P (lbs/acre)	K (lbs/acre)	Salt (lbs/acre)	Amount
Lagoon Water	Process wastewater	34.93	7.92	32.30	344.48	232,200.00 *gal*
Irrigation Water - Canal	Surface water	0.00	0.00	0.00	10.20	846,049.00 *gal*
Application event totals		34.93	7.92	32.30	354.68	

08/16/2023	Surface (irrigation)	No precipitation	No precipitation	No precipitation

Source description	Material type	N (lbs/acre)	P (lbs/acre)	K (lbs/acre)	Salt (lbs/acre)	Amount
Lagoon Water	Process wastewater	28.88	6.55	26.70	284.84	192,000.00 *gal*
Irrigation Water - Canal	Surface water	0.00	0.00	0.00	10.20	846,049.00 *gal*
Application event totals		28.88	6.55	26.70	295.04	

08/25/2023	Surface (irrigation)	No precipitation	No precipitation	No precipitation

Source description	Material type	N (lbs/acre)	P (lbs/acre)	K (lbs/acre)	Salt (lbs/acre)	Amount
Lagoon Water	Process wastewater	55.68	11.37	61.41	573.46	224,900.00 *gal*
Irrigation Water - Canal	Surface water	0.00	0.00	0.00	8.79	729,353.00 *gal*
Application event totals		55.68	11.37	61.41	582.26	

09/06/2023	Surface (irrigation)	No precipitation	No precipitation	No precipitation

Source description	Material type	N (lbs/acre)	P (lbs/acre)	K (lbs/acre)	Salt (lbs/acre)	Amount
Lagoon Water	Process wastewater	30.46	6.91	28.16	300.42	202,500.00 *gal*
Irrigation Water - Canal	Surface water	0.00	0.00	0.00	9.49	787,701.00 *gal*
Application event totals		30.46	6.91	28.16	309.91	

RR50 - 11/17/2022: Oats, silage-soft dough

RR50 - 11/17/2022: Oats, silage-soft dough

Field name: RR50

Crop: Oats, silage-soft dough

Plant date: 11/17/2022

Application date	Application method	Precipitation 24 hours prior	Precipitation during application	Precipitation 24 hours following
02/05/2023	Surface (irrigation)	No precipitation	No precipitation	No precipitation

Source description	Material type	N (lbs/acre)	P (lbs/acre)	K (lbs/acre)	Salt (lbs/acre)	Amount
Lagoon Water	Process wastewater	51.93	10.60	57.28	534.85	559,350.00 *gal*
Irrigation Water - Pump #7	Ground water	0.00	0.00	0.00	263.83	1,445,250.00 *gal*
Application event totals		51.93	10.60	57.28	798.68	

Application date	Application method	Precipitation 24 hours prior	Precipitation during application	Precipitation 24 hours following
03/19/2023	Surface (irrigation)	No precipitation	No precipitation	No precipitation

Source description	Material type	N (lbs/acre)	P (lbs/acre)	K (lbs/acre)	Salt (lbs/acre)	Amount
Lagoon Water	Process wastewater	69.32	14.15	76.46	713.95	746,650.00 *gal*
Irrigation Water - Canal	Surface water	0.00	0.00	0.00	14.10	3,119,386.00 *gal*
Application event totals		69.32	14.15	76.46	728.05	

Application date	Application method	Precipitation 24 hours prior	Precipitation during application	Precipitation 24 hours following
04/18/2023	Surface (irrigation)	No precipitation	No precipitation	No precipitation

Source description	Material type	N (lbs/acre)	P (lbs/acre)	K (lbs/acre)	Salt (lbs/acre)	Amount
Lagoon Water	Process wastewater	78.47	16.02	86.55	808.23	845,250.00 *gal*
Irrigation Water - Canal	Surface water	0.00	0.00	0.00	12.90	2,854,575.00 *gal*
Application event totals		78.47	16.02	86.55	821.13	

RR50 - 06/24/2023: Corn, silage

Field name: RR50

Crop: Corn, silage

Plant date: 06/24/2023

Application date	Application method	Precipitation 24 hours prior	Precipitation during application	Precipitation 24 hours following
06/02/2023	Surface (irrigation)	No precipitation	No precipitation	No precipitation

Source description	Material type	N (lbs/acre)	P (lbs/acre)	K (lbs/acre)	Salt (lbs/acre)	Amount
Lagoon Water	Process wastewater	80.80	16.49	89.12	832.23	870,350.00 *gal*
Irrigation Water - Canal	Surface water	0.00	0.00	0.00	13.06	2,888,237.00 *gal*
Application event totals		80.80	16.49	89.12	845.28	

RR50 - 06/24/2023: Corn, silage

Application date	Application method	Precipitation 24 hours prior	Precipitation during application	Precipitation 24 hours following
07/05/2023	Surface (irrigation)	No precipitation	No precipitation	No precipitation

Source description	Material type	N (lbs/acre)	P (lbs/acre)	K (lbs/acre)	Salt (lbs/acre)	Amount
Lagoon Water	Process wastewater	46.65	10.58	43.13	460.06	826,950.00 *gal*
Irrigation Water - Canal	Surface water	0.00	0.00	0.00	14.90	3,296,675.00 *gal*
Application event totals		46.65	10.58	43.13	474.96	

07/18/2023	Surface (irrigation)	No precipitation	No precipitation	No precipitation

Source description	Material type	N (lbs/acre)	P (lbs/acre)	K (lbs/acre)	Salt (lbs/acre)	Amount
Irrigation Water - Canal	Surface water	0.00	0.00	0.00	14.11	3,121,630.00 *gal*
Application event totals		0.00	0.00	0.00	14.11	

07/29/2023	Surface (irrigation)	No precipitation	No precipitation	No precipitation

Source description	Material type	N (lbs/acre)	P (lbs/acre)	K (lbs/acre)	Salt (lbs/acre)	Amount
Lagoon Water	Process wastewater	41.88	9.50	38.72	412.99	742,350.00 *gal*
Irrigation Water - Canal	Surface water	0.00	0.00	0.00	13.58	3,004,934.00 *gal*
Application event totals		41.88	9.50	38.72	426.58	

08/07/2023	Surface (irrigation)	No precipitation	No precipitation	No precipitation

Source description	Material type	N (lbs/acre)	P (lbs/acre)	K (lbs/acre)	Salt (lbs/acre)	Amount
Irrigation Water - Canal	Surface water	0.00	0.00	0.00	13.06	2,888,237.00 *gal*
Application event totals		0.00	0.00	0.00	13.06	

08/16/2023	Surface (irrigation)	No precipitation	No precipitation	No precipitation

Source description	Material type	N (lbs/acre)	P (lbs/acre)	K (lbs/acre)	Salt (lbs/acre)	Amount
Lagoon Water	Process wastewater	72.20	14.74	79.64	743.64	777,700.00 *gal*
Irrigation Water - Canal	Surface water	0.00	0.00	0.00	15.17	3,355,023.00 *gal*
Application event totals		72.20	14.74	79.64	758.80	

RR50 - 06/24/2023: Corn, silage

Application date	Application method	Precipitation 24 hours prior	Precipitation during application	Precipitation 24 hours following
08/25/2023	Surface (irrigation)	No precipitation	No precipitation	No precipitation

Source description	Material type	N (lbs/acre)	P (lbs/acre)	K (lbs/acre)	Salt (lbs/acre)	Amount
Lagoon Water	Process wastewater	65.27	13.32	72.00	672.30	703,100.00 *gal*
Irrigation Water - Canal	Surface water	0.00	0.00	0.00	13.06	2,888,237.00 *gal*
Application event totals		65.27	13.32	72.00	685.36	

09/06/2023	Surface (irrigation)	No precipitation	No precipitation	No precipitation

Source description	Material type	N (lbs/acre)	P (lbs/acre)	K (lbs/acre)	Salt (lbs/acre)	Amount
Lagoon Water	Process wastewater	34.90	7.91	32.26	344.12	618,550.00 *gal*
Irrigation Water - Canal	Surface water	0.00	0.00	0.00	12.00	2,654,844.00 *gal*
Application event totals		34.90	7.91	32.26	356.12	

RR60 - 11/17/2022: Oats, silage-soft dough

Field name: RR60

Crop: Oats, silage-soft dough

Plant date: 11/17/2022

Application date	Application method	Precipitation 24 hours prior	Precipitation during application	Precipitation 24 hours following
02/06/2023	Surface (irrigation)	No precipitation	No precipitation	No precipitation

Source description	Material type	N (lbs/acre)	P (lbs/acre)	K (lbs/acre)	Salt (lbs/acre)	Amount
Lagoon Water	Process wastewater	80.21	13.55	71.77	500.60	615,000.00 *gal*
Irrigation Water - Pump #7	Ground water	0.00	0.00	0.00	226.99	1,580,250.00 *gal*
Application event totals		80.21	13.55	71.77	727.59	

03/19/2023	Surface (irrigation)	No precipitation	No precipitation	No precipitation

Source description	Material type	N (lbs/acre)	P (lbs/acre)	K (lbs/acre)	Salt (lbs/acre)	Amount
Lagoon Water	Process wastewater	57.15	11.66	63.03	588.58	782,250.00 *gal*
Irrigation Water - Canal	Surface water	0.00	0.00	0.00	12.05	3,388,685.00 *gal*
Application event totals		57.15	11.66	63.03	600.63	

RR60 - 11/17/2022: Oats, silage-soft dough

Application date	Application method	Precipitation 24 hours prior	Precipitation during application	Precipitation 24 hours following
04/18/2023	Surface (irrigation)	No precipitation	No precipitation	No precipitation

Source description	Material type	N (lbs/acre)	P (lbs/acre)	K (lbs/acre)	Salt (lbs/acre)	Amount
Lagoon Water	Process wastewater	60.67	12.38	66.92	624.88	830,500.00 *gal*
Irrigation Water - Canal	Surface water	0.00	0.00	0.00	10.15	2,854,575.00 *gal*
Application event totals		60.67	12.38	66.92	635.04	

RR60 - 06/24/2023: Corn, silage

Field name: RR60

Crop: Corn, silage

Plant date: 06/24/2023

Application date	Application method	Precipitation 24 hours prior	Precipitation during application	Precipitation 24 hours following
06/02/2023	Surface (irrigation)	No precipitation	No precipitation	No precipitation

Source description	Material type	N (lbs/acre)	P (lbs/acre)	K (lbs/acre)	Salt (lbs/acre)	Amount
Lagoon Water	Process wastewater	67.84	13.85	74.83	698.73	928,650.00 *gal*
Irrigation Water - Canal	Surface water	0.00	0.00	0.00	12.97	3,646,764.00 *gal*
Application event totals		67.84	13.85	74.83	711.70	

Application date	Application method	Precipitation 24 hours prior	Precipitation during application	Precipitation 24 hours following
07/04/2023	Surface (irrigation)	No precipitation	No precipitation	No precipitation

Source description	Material type	N (lbs/acre)	P (lbs/acre)	K (lbs/acre)	Salt (lbs/acre)	Amount
Lagoon Water	Process wastewater	36.38	8.25	33.63	358.75	819,500.00 *gal*
Irrigation Water - Canal	Surface water	0.00	0.00	0.00	12.14	3,413,371.00 *gal*
Application event totals		36.38	8.25	33.63	370.89	

Application date	Application method	Precipitation 24 hours prior	Precipitation during application	Precipitation 24 hours following
07/18/2023	Surface (irrigation)	No precipitation	No precipitation	No precipitation

Source description	Material type	N (lbs/acre)	P (lbs/acre)	K (lbs/acre)	Salt (lbs/acre)	Amount
Lagoon Water	Process wastewater	52.95	10.81	58.40	545.35	724,800.00 *gal*
Irrigation Water - Canal	Surface water	0.00	0.00	0.00	10.48	2,946,585.00 *gal*
Application event totals		52.95	10.81	58.40	555.83	

RR60 - 06/24/2023: Corn, silage

Application date	Application method	Precipitation 24 hours prior	Precipitation during application	Precipitation 24 hours following
07/29/2023	Surface (irrigation)	No precipitation	No precipitation	No precipitation

Source description	Material type	N (lbs/acre)	P (lbs/acre)	K (lbs/acre)	Salt (lbs/acre)	Amount
Irrigation Water - Canal	Surface water	0.00	0.00	0.00	12.76	3,588,416.00 *gal*
Application event totals		0.00	0.00	0.00	12.76	

08/07/2023	Surface (irrigation)	No precipitation	No precipitation	No precipitation

Source description	Material type	N (lbs/acre)	P (lbs/acre)	K (lbs/acre)	Salt (lbs/acre)	Amount
Lagoon Water	Process wastewater	38.11	8.64	35.23	375.83	858,500.00 *gal*
Irrigation Water - Canal	Surface water	0.00	0.00	0.00	11.93	3,355,023.00 *gal*
Application event totals		38.11	8.64	35.23	387.76	

08/16/2023	Surface (irrigation)	No precipitation	No precipitation	No precipitation

Source description	Material type	N (lbs/acre)	P (lbs/acre)	K (lbs/acre)	Salt (lbs/acre)	Amount
Irrigation Water - Canal	Surface water	0.00	0.00	0.00	11.52	3,238,326.00 *gal*
Application event totals		0.00	0.00	0.00	11.52	

08/25/2023	Surface (irrigation)	No precipitation	No precipitation	No precipitation

Source description	Material type	N (lbs/acre)	P (lbs/acre)	K (lbs/acre)	Salt (lbs/acre)	Amount
Lagoon Water	Process wastewater	58.66	11.97	64.70	604.15	802,950.00 *gal*
Irrigation Water - Canal	Surface water	0.00	0.00	0.00	10.69	3,004,934.00 *gal*
Application event totals		58.66	11.97	64.70	614.84	

09/05/2023	Surface (irrigation)	No precipitation	No precipitation	No precipitation

Source description	Material type	N (lbs/acre)	P (lbs/acre)	K (lbs/acre)	Salt (lbs/acre)	Amount
Lagoon Water	Process wastewater	99.41	16.79	88.94	620.42	762,200.00 *gal*
Irrigation Water - Canal	Surface water	0.00	0.00	0.00	10.27	2,888,237.00 *gal*
Application event totals		99.41	16.79	88.94	630.69	

Sams - 11/19/2022: Oats, silage-soft dough

Field name: Sams

Crop: Oats, silage-soft dough Plant date: 11/19/2022

Sams - 11/19/2022: Oats, silage-soft dough

Application date	Application method	Precipitation 24 hours prior	Precipitation during application	Precipitation 24 hours following
02/03/2023	Surface (irrigation)	No precipitation	No precipitation	No precipitation

Source description	Material type	N (lbs/acre)	P (lbs/acre)	K (lbs/acre)	Salt (lbs/acre)	Amount
Lagoon Water	Process wastewater	66.25	15.03	61.25	653.29	685,000.00 *gal*
Irrigation Water - Pump #7	Ground water	0.00	0.00	0.00	517.52	1,653,750.00 *gal*
Application event totals		66.25	15.03	61.25	1,170.81	

Application date	Application method	Precipitation 24 hours prior	Precipitation during application	Precipitation 24 hours following
03/17/2023	Surface (irrigation)	No precipitation	No precipitation	No precipitation

Source description	Material type	N (lbs/acre)	P (lbs/acre)	K (lbs/acre)	Salt (lbs/acre)	Amount
Lagoon Water	Process wastewater	107.93	22.03	119.04	1,111.62	678,150.00 *gal*
Irrigation Water - Pump #7	Ground water	0.00	0.00	0.00	521.98	1,668,000.00 *gal*
Application event totals		107.93	22.03	119.04	1,633.60	

Application date	Application method	Precipitation 24 hours prior	Precipitation during application	Precipitation 24 hours following
04/19/2023	Surface (irrigation)	No precipitation	No precipitation	No precipitation

Source description	Material type	N (lbs/acre)	P (lbs/acre)	K (lbs/acre)	Salt (lbs/acre)	Amount
Lagoon Water	Process wastewater	38.85	22.08	162.61	1,234.69	750,500.00 *gal*
Irrigation Water - Canal	Surface water	0.00	0.00	0.00	23.79	3,070,014.00 *gal*
Application event totals		38.85	22.08	162.61	1,258.48	

Sams - 06/11/2023: Corn, silage

Field name: Sams

Crop: Corn, silage

Plant date: 06/11/2023

Application date	Application method	Precipitation 24 hours prior	Precipitation during application	Precipitation 24 hours following
05/30/2023	Surface (irrigation)	No precipitation	No precipitation	No precipitation

Source description	Material type	N (lbs/acre)	P (lbs/acre)	K (lbs/acre)	Salt (lbs/acre)	Amount
Lagoon Water	Process wastewater	82.98	18.82	76.71	818.29	858,000.00 *gal*
Irrigation Water - Canal	Surface water	0.00	0.00	0.00	27.81	3,588,416.00 *gal*
Application event totals		82.98	18.82	76.71	846.09	

Sams - 06/11/2023: Corn, silage

Application date	Application method	Precipitation 24 hours prior	Precipitation during application	Precipitation 24 hours following
07/05/2023	Surface (irrigation)	No precipitation	No precipitation	No precipitation

Source description	Material type	N (lbs/acre)	P (lbs/acre)	K (lbs/acre)	Salt (lbs/acre)	Amount
Irrigation Water - Canal	Surface water	0.00	0.00	0.00	39.11	5,047,121.00 *gal*
Application event totals		0.00	0.00	0.00	39.11	

Application date	Application method	Precipitation 24 hours prior	Precipitation during application	Precipitation 24 hours following
07/18/2023	Surface (irrigation)	No precipitation	No precipitation	No precipitation

Source description	Material type	N (lbs/acre)	P (lbs/acre)	K (lbs/acre)	Salt (lbs/acre)	Amount
Lagoon Water	Process wastewater	40.88	23.23	171.08	1,299.02	789,600.00 *gal*
Irrigation Water - Canal	Surface water	0.00	0.00	0.00	31.82	4,106,817.00 *gal*
Application event totals		40.88	23.23	171.08	1,330.84	

Application date	Application method	Precipitation 24 hours prior	Precipitation during application	Precipitation 24 hours following
07/30/2023	Surface (irrigation)	No precipitation	No precipitation	No precipitation

Source description	Material type	N (lbs/acre)	P (lbs/acre)	K (lbs/acre)	Salt (lbs/acre)	Amount
Irrigation Water - Canal	Surface water	0.00	0.00	0.00	30.52	3,938,505.00 *gal*
Irrigation Water - Canal	Surface water	0.00	0.00	0.00	6.75	871,200.00 *gal*
Application event totals		0.00	0.00	0.00	37.27	

Application date	Application method	Precipitation 24 hours prior	Precipitation during application	Precipitation 24 hours following
08/07/2023	Surface (irrigation)	No precipitation	No precipitation	No precipitation

Source description	Material type	N (lbs/acre)	P (lbs/acre)	K (lbs/acre)	Salt (lbs/acre)	Amount
Lagoon Water	Process wastewater	69.42	15.74	64.17	684.53	717,750.00 *gal*
Irrigation Water - Canal	Surface water	0.00	0.00	0.00	25.55	3,296,675.00 *gal*
Application event totals		69.42	15.74	64.17	710.07	

Application date	Application method	Precipitation 24 hours prior	Precipitation during application	Precipitation 24 hours following
08/17/2023	Surface (irrigation)	No precipitation	No precipitation	No precipitation

Source description	Material type	N (lbs/acre)	P (lbs/acre)	K (lbs/acre)	Salt (lbs/acre)	Amount
Irrigation Water - Canal	Surface water	0.00	0.00	0.00	33.48	4,320,013.00 *gal*
Application event totals		0.00	0.00	0.00	33.48	

Sams - 06/11/2023: Corn, silage

Application date	Application method	Precipitation 24 hours prior	Precipitation during application	Precipitation 24 hours following
08/26/2023	Surface (irrigation)	No precipitation	No precipitation	No precipitation

Source description	Material type	N (lbs/acre)	P (lbs/acre)	K (lbs/acre)	Salt (lbs/acre)	Amount
Lagoon Water	Process wastewater	78.90	17.90	72.95	778.09	815,850.00 *gal*
Irrigation Water - Canal	Surface water	0.00	0.00	0.00	28.26	3,646,764.00 *gal*
Application event totals		78.90	17.90	72.95	806.35	

09/06/2023	Surface (irrigation)	No precipitation	No precipitation	No precipitation

Source description	Material type	N (lbs/acre)	P (lbs/acre)	K (lbs/acre)	Salt (lbs/acre)	Amount
Lagoon Water	Process wastewater	81.09	18.39	74.97	799.69	838,500.00 *gal*
Irrigation Water - Canal	Surface water	0.00	0.00	0.00	31.42	4,055,202.00 *gal*
Application event totals		81.09	18.39	74.97	831.11	

B. NUTRIENT BUDGET

40 - 11/15/2022: Oats, silage-soft dough

Field name: 40 Crop: Oats, silage-soft dough Plant date: 11/15/2022

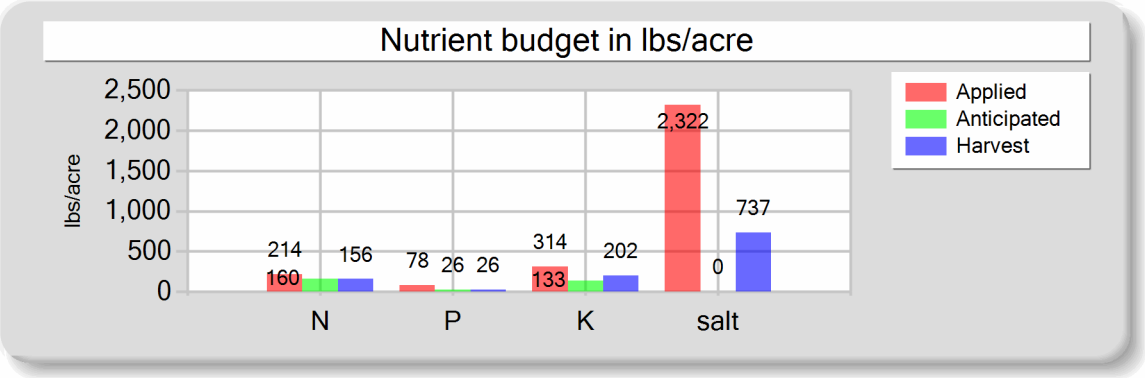

	Total N (lbs/acre)	Total P (lbs/acre)	Total K (lbs/acre)	Total salt (lbs/acre)
Existing soil nutrient content	0.00	0.00	0.00	0.00
Plowdown credit	0.00	0.00	0.00	0.00
Commercial fertilizer / Other	0.00	0.00	0.00	0.00
Dry manure	109.97	46.93	107.60	0.00
Process wastewater	96.70	31.57	206.84	1,694.09
Fresh water	0.00	0.00	0.00	627.46
Atmospheric deposition	7.00	0.00	0.00	0.00
Total nutrients applied	213.67	78.50	314.44	2,321.55
Anticipated crop nutrient removal	160.00	25.60	132.80	0.00
Actual crop nutrient removal	155.94	25.75	201.72	736.77
Nutrient balance	57.73	52.75	112.72	1,584.78
Applied to removed ratio	1.37	3.05	1.56	3.15

Fresh water applied	
4,877,880.00	*gallons*
179.64	*acre-inches*
4.49	*inches/acre*

Process wastewater applied	
1,473,150.00	*gallons*
54.25	*acre-inches*
1.36	*inches/acre*

Total harvests for the crop	
1	*harvests*

40 - 06/14/2023: Corn, silage

Field name: 40 Crop: Corn, silage Plant date: 06/14/2023

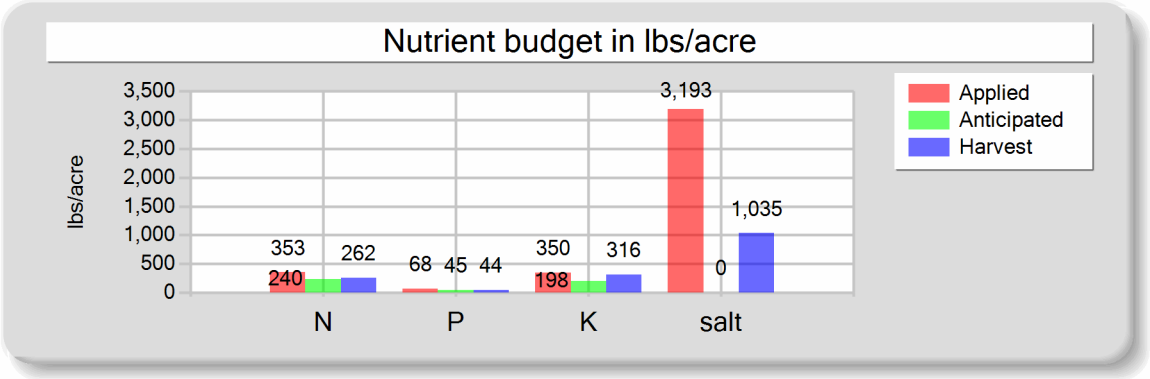

	Total N (lbs/acre)	Total P (lbs/acre)	Total K (lbs/acre)	Total salt (lbs/acre)
Existing soil nutrient content	0.00	0.00	0.00	0.00
Plowdown credit	0.00	0.00	0.00	0.00
Commercial fertilizer / Other	0.00	0.00	0.00	0.00
Dry manure	0.00	0.00	0.00	0.00
Process wastewater	346.41	67.64	349.69	3,075.48
Fresh water	0.00	0.00	0.00	117.58
Atmospheric deposition	7.00	0.00	0.00	0.00
Total nutrients applied	353.41	67.64	349.69	3,193.05
Anticipated crop nutrient removal	240.00	45.00	198.00	0.00
Actual crop nutrient removal	262.47	44.06	316.11	1,034.54
Nutrient balance	90.94	23.58	33.58	2,158.52
Applied to removed ratio	1.35	1.54	1.11	3.09

Fresh water applied	
21,676,365.00	*gallons*
798.27	*acre-inches*
19.96	*inches/acre*

Process wastewater applied	
2,914,550.00	*gallons*
107.33	*acre-inches*
2.68	*inches/acre*

Total harvests for the crop	
1	*harvests*

Goats - 11/19/2022: Oats, silage-soft dough

Field name: Goats | Crop: Oats, silage-soft dough | Plant date: 11/19/2022

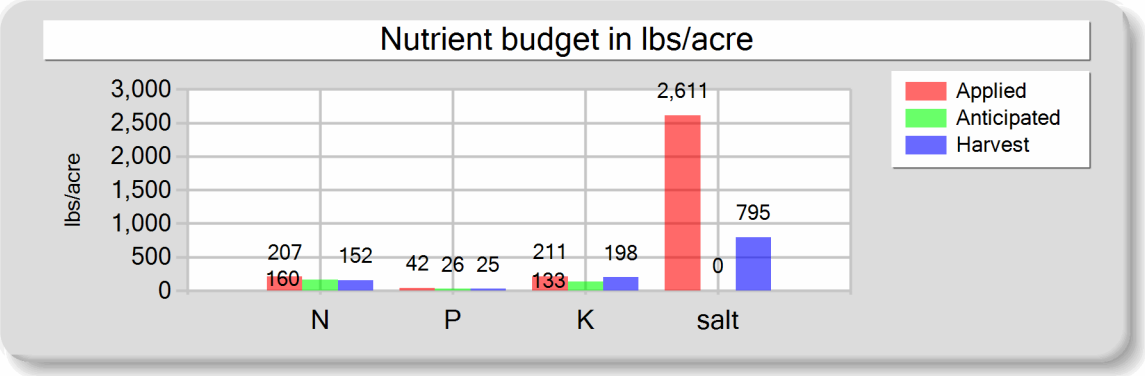

	Total N (lbs/acre)	Total P (lbs/acre)	Total K (lbs/acre)	Total salt (lbs/acre)
Existing soil nutrient content	0.00	0.00	0.00	0.00
Plowdown credit	0.00	0.00	0.00	0.00
Commercial fertilizer / Other	0.00	0.00	0.00	0.00
Dry manure	0.00	0.00	0.00	0.00
Process wastewater	199.81	41.96	211.14	2,405.93
Fresh water	0.00	0.00	0.00	205.43
Atmospheric deposition	7.00	0.00	0.00	0.00
Total nutrients applied	206.81	41.96	211.14	2,611.36
Anticipated crop nutrient removal	160.00	25.60	132.80	0.00
Actual crop nutrient removal	152.17	25.23	198.05	795.26
Nutrient balance	54.64	16.73	13.09	1,816.10
Applied to removed ratio	1.36	1.66	1.07	3.28

Fresh water applied	
3,023,623.00	*gallons*
111.35	*acre-inches*
5.86	*inches/acre*

Process wastewater applied	
994,650.00	*gallons*
36.63	*acre-inches*
1.93	*inches/acre*

Total harvests for the crop	
1	*harvests*

Goats - 06/12/2023: Corn, silage

Field name: Goats Crop: Corn, silage Plant date: 06/12/2023

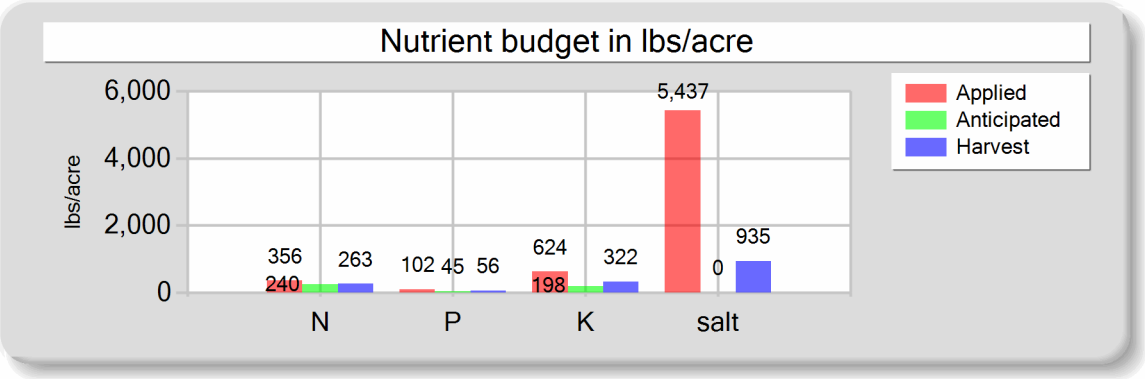

	Total N (lbs/acre)	Total P (lbs/acre)	Total K (lbs/acre)	Total salt (lbs/acre)
Existing soil nutrient content	0.00	0.00	0.00	0.00
Plowdown credit	0.00	0.00	0.00	0.00
Commercial fertilizer / Other	0.00	0.00	0.00	0.00
Dry manure	0.00	0.00	0.00	0.00
Process wastewater	349.05	101.79	624.06	5,303.38
Fresh water	0.00	0.00	0.00	133.93
Atmospheric deposition	7.00	0.00	0.00	0.00
Total nutrients applied	356.05	101.79	624.06	5,437.31
Anticipated crop nutrient removal	240.00	45.00	198.00	0.00
Actual crop nutrient removal	262.57	55.70	322.25	934.92
Nutrient balance	93.47	46.10	301.81	4,502.39
Applied to removed ratio	1.36	1.83	1.94	5.82

Fresh water applied	
11,727,994.00	*gallons*
431.90	*acre-inches*
22.73	*inches/acre*

Process wastewater applied	
2,346,200.00	*gallons*
86.40	*acre-inches*
4.55	*inches/acre*

Total harvests for the crop	
1	*harvests*

Johns - 11/16/2022: Oats, silage-soft dough

Field name: Johns | Crop: Oats, silage-soft dough | Plant date: 11/16/2022

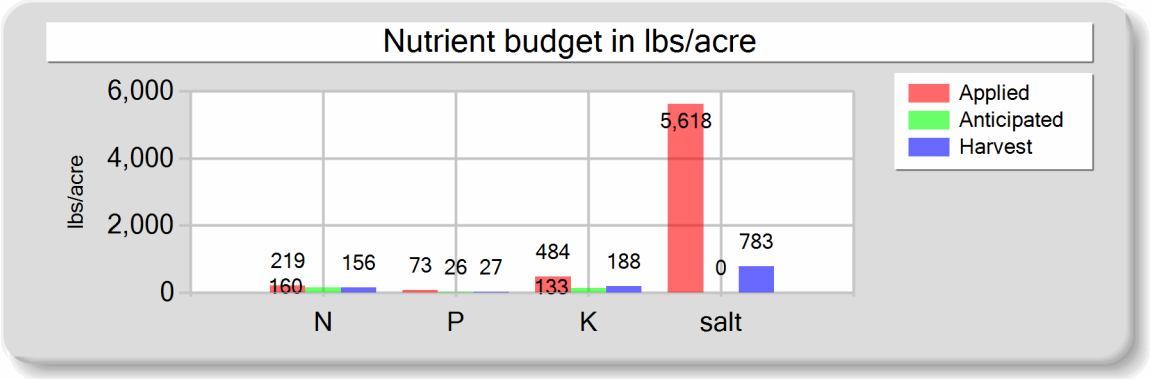

	Total N (lbs/acre)	Total P (lbs/acre)	Total K (lbs/acre)	Total salt (lbs/acre)
Existing soil nutrient content	0.00	0.00	0.00	0.00
Plowdown credit	0.00	0.00	0.00	0.00
Commercial fertilizer / Other	0.00	0.00	0.00	0.00
Dry manure	0.00	0.00	0.00	0.00
Process wastewater	211.52	72.73	483.51	3,922.11
Fresh water	0.00	0.00	0.00	1,696.36
Atmospheric deposition	7.00	0.00	0.00	0.00
Total nutrients applied	218.52	72.73	483.51	5,618.46
Anticipated crop nutrient removal	160.00	25.60	132.80	0.00
Actual crop nutrient removal	155.88	26.53	187.72	782.72
Nutrient balance	62.64	46.20	295.79	4,835.75
Applied to removed ratio	1.40	2.74	2.58	7.18

Fresh water applied	
6,478,764.00	*gallons*
238.59	*acre-inches*
13.26	*inches/acre*

Process wastewater applied	
1,534,500.00	*gallons*
56.51	*acre-inches*
3.14	*inches/acre*

Total harvests for the crop	
1	*harvests*

Johns - 06/24/2023: Corn, silage

Field name: Johns | Crop: Corn, silage | Plant date: 06/24/2023

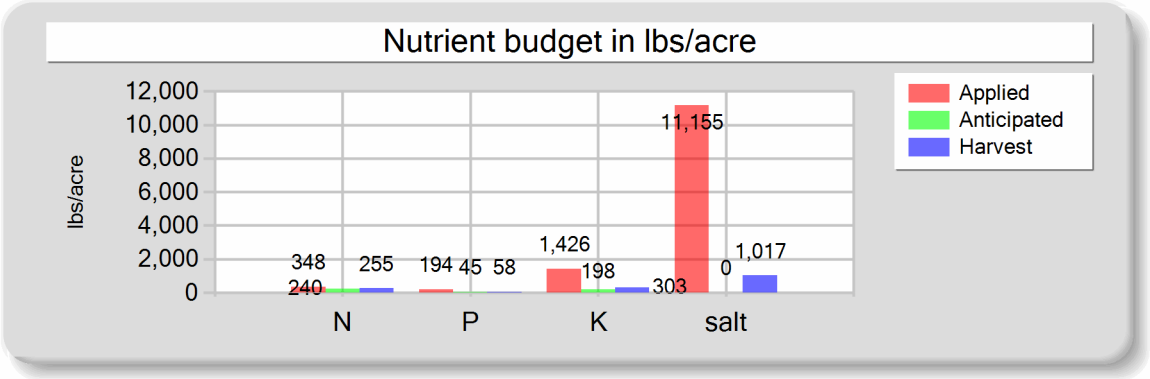

	Total N (lbs/acre)	Total P (lbs/acre)	Total K (lbs/acre)	Total salt (lbs/acre)
Existing soil nutrient content	0.00	0.00	0.00	0.00
Plowdown credit	0.00	0.00	0.00	0.00
Commercial fertilizer / Other	0.00	0.00	0.00	0.00
Dry manure	0.00	0.00	0.00	0.00
Process wastewater	340.64	193.56	1,425.70	10,825.13
Fresh water	0.00	0.00	0.00	330.21
Atmospheric deposition	7.00	0.00	0.00	0.00
Total nutrients applied	347.64	193.56	1,425.70	11,155.34
Anticipated crop nutrient removal	240.00	45.00	198.00	0.00
Actual crop nutrient removal	255.37	57.86	303.25	1,017.49
Nutrient balance	92.27	135.70	1,122.45	10,137.85
Applied to removed ratio	1.36	3.35	4.70	10.96

Fresh water applied	
27,394,492.00	*gallons*
1,008.85	*acre-inches*
56.05	*inches/acre*

Process wastewater applied	
4,230,000.00	*gallons*
155.78	*acre-inches*
8.65	*inches/acre*

Total harvests for the crop	
1	*harvests*

Moms - 11/15/2022: Oats, silage-soft dough

Field name: Moms | Crop: Oats, silage-soft dough | Plant date: 11/15/2022

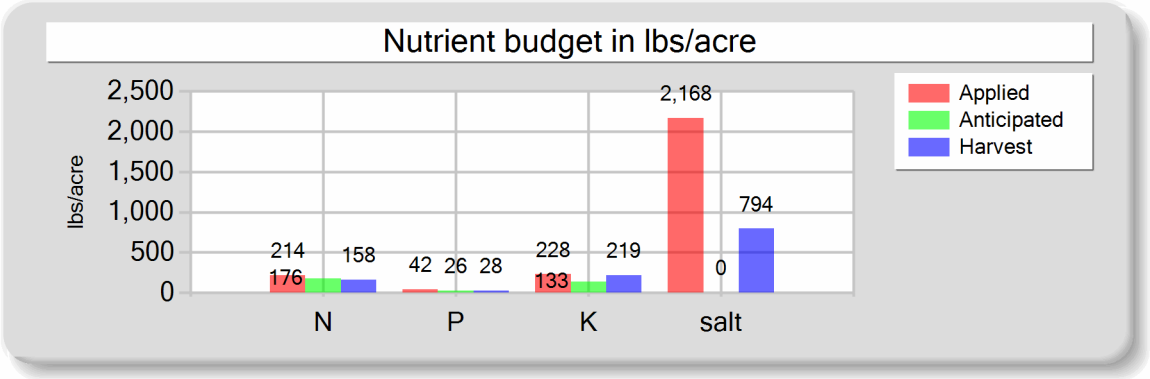

	Total N (lbs/acre)	Total P (lbs/acre)	Total K (lbs/acre)	Total salt (lbs/acre)
Existing soil nutrient content	0.00	0.00	0.00	0.00
Plowdown credit	0.00	0.00	0.00	0.00
Commercial fertilizer / Other	0.00	0.00	0.00	0.00
Dry manure	0.00	0.00	0.00	0.00
Process wastewater	207.09	42.27	228.42	2,132.96
Fresh water	0.00	0.00	0.00	35.25
Atmospheric deposition	7.00	0.00	0.00	0.00
Total nutrients applied	214.09	42.27	228.42	2,168.21
Anticipated crop nutrient removal	176.00	25.60	132.80	0.00
Actual crop nutrient removal	158.06	27.76	218.98	794.18
Nutrient balance	56.03	14.51	9.44	1,374.03
Applied to removed ratio	1.35	1.52	1.04	2.73

Fresh water applied	
2,924,144.00	*gallons*
107.69	*acre-inches*
5.98	*inches/acre*

Process wastewater applied	
836,500.00	*gallons*
30.81	*acre-inches*
1.71	*inches/acre*

Total harvests for the crop	
1	*harvests*

Moms - 06/14/2023: Corn, silage

Field name: Moms | Crop: Corn, silage | Plant date: 06/14/2023

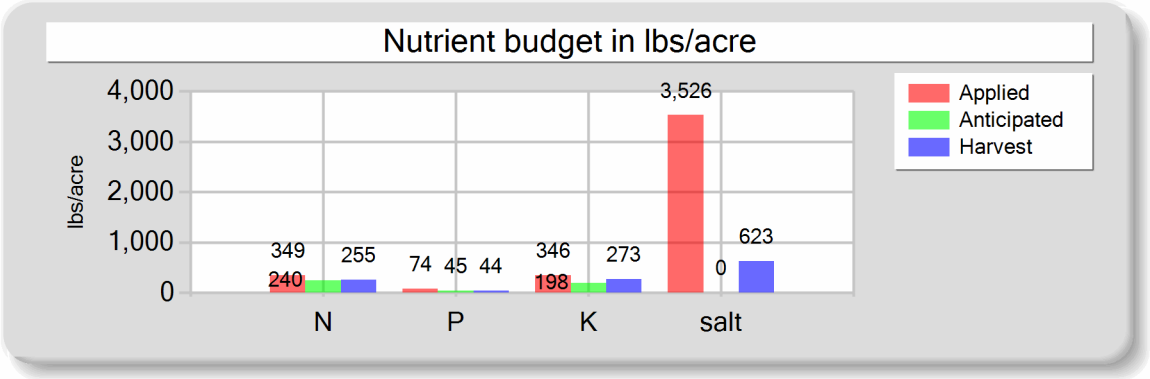

	Total N (lbs/acre)	Total P (lbs/acre)	Total K (lbs/acre)	Total salt (lbs/acre)
Existing soil nutrient content	0.00	0.00	0.00	0.00
Plowdown credit	0.00	0.00	0.00	0.00
Commercial fertilizer / Other	0.00	0.00	0.00	0.00
Dry manure	0.00	0.00	0.00	0.00
Process wastewater	341.79	73.73	345.81	3,443.75
Fresh water	0.00	0.00	0.00	82.29
Atmospheric deposition	7.00	0.00	0.00	0.00
Total nutrients applied	348.79	73.73	345.81	3,526.04
Anticipated crop nutrient removal	240.00	45.00	198.00	0.00
Actual crop nutrient removal	255.20	44.21	273.28	622.92
Nutrient balance	93.59	29.52	72.53	2,903.12
Applied to removed ratio	1.37	1.67	1.27	5.66

Fresh water applied	
6,826,742.00	*gallons*
251.41	*acre-inches*
13.97	*inches/acre*

Process wastewater applied	
1,836,200.00	*gallons*
67.62	*acre-inches*
3.76	*inches/acre*

Total harvests for the crop	
1	*harvests*

RR50 - 11/17/2022: Oats, silage-soft dough

Field name: RR50 Crop: Oats, silage-soft dough Plant date: 11/17/2022

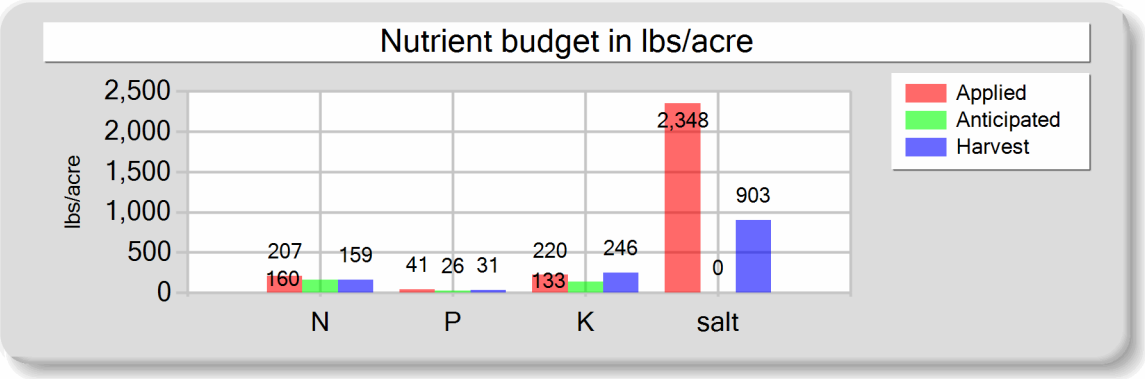

	Total N (lbs/acre)	Total P (lbs/acre)	Total K (lbs/acre)	Total salt (lbs/acre)
Existing soil nutrient content	0.00	0.00	0.00	0.00
Plowdown credit	0.00	0.00	0.00	0.00
Commercial fertilizer / Other	0.00	0.00	0.00	0.00
Dry manure	0.00	0.00	0.00	0.00
Process wastewater	199.72	40.77	220.29	2,057.02
Fresh water	0.00	0.00	0.00	290.83
Atmospheric deposition	7.00	0.00	0.00	0.00
Total nutrients applied	206.72	40.77	220.29	2,347.85
Anticipated crop nutrient removal	160.00	25.60	132.80	0.00
Actual crop nutrient removal	158.79	30.92	245.70	902.58
Nutrient balance	47.93	9.84	-25.41	1,445.27
Applied to removed ratio	1.30	1.32	0.90	2.60

Fresh water applied	
7,419,211.00	*gallons*
273.22	*acre-inches*
5.69	*inches/acre*

Process wastewater applied	
2,151,250.00	*gallons*
79.22	*acre-inches*
1.65	*inches/acre*

Total harvests for the crop	
1	*harvests*

RR50 - 06/24/2023: Corn, silage

Field name: RR50 Crop: Corn, silage Plant date: 06/24/2023

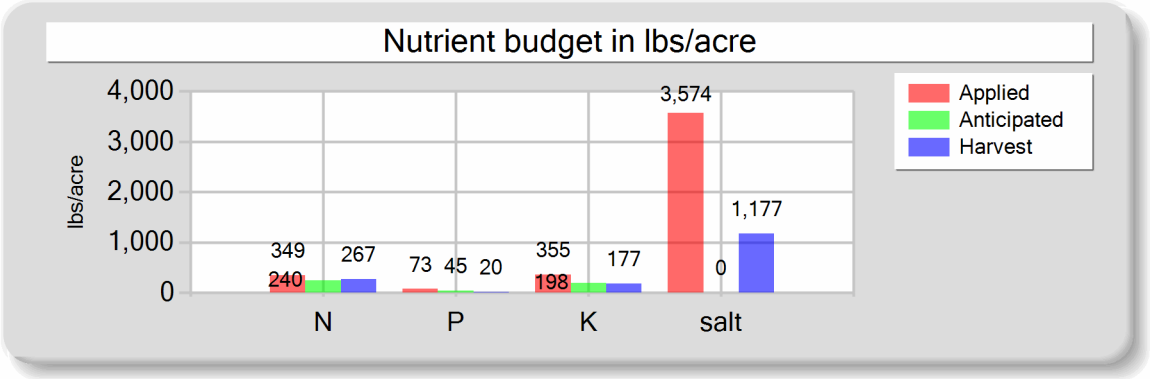

	Total N (lbs/acre)	Total P (lbs/acre)	Total K (lbs/acre)	Total salt (lbs/acre)
Existing soil nutrient content	0.00	0.00	0.00	0.00
Plowdown credit	0.00	0.00	0.00	0.00
Commercial fertilizer / Other	0.00	0.00	0.00	0.00
Dry manure	0.00	0.00	0.00	0.00
Process wastewater	341.71	72.55	354.87	3,465.34
Fresh water	0.00	0.00	0.00	108.93
Atmospheric deposition	7.00	0.00	0.00	0.00
Total nutrients applied	348.71	72.55	354.87	3,574.27
Anticipated crop nutrient removal	240.00	45.00	198.00	0.00
Actual crop nutrient removal	266.78	19.62	176.55	1,176.98
Nutrient balance	81.92	52.93	178.32	2,397.28
Applied to removed ratio	1.31	3.70	2.01	3.04

Fresh water applied	
24,097,817.00	*gallons*
887.44	*acre-inches*
18.49	*inches/acre*

Process wastewater applied	
4,539,000.00	*gallons*
167.16	*acre-inches*
3.48	*inches/acre*

Total harvests for the crop	
1	*harvests*

RR60 - 11/17/2022: Oats, silage-soft dough

Field name: RR60 Crop: Oats, silage-soft dough Plant date: 11/17/2022

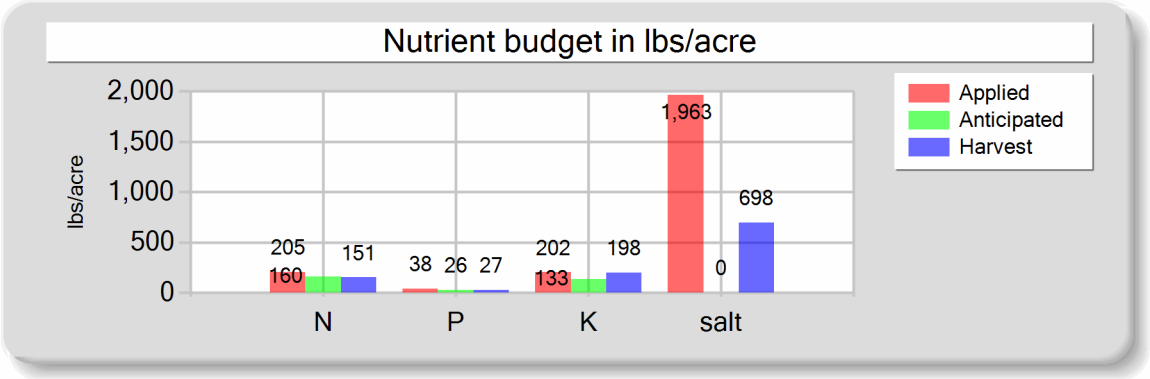

	Total N (lbs/acre)	Total P (lbs/acre)	Total K (lbs/acre)	Total salt (lbs/acre)
Existing soil nutrient content	0.00	0.00	0.00	0.00
Plowdown credit	0.00	0.00	0.00	0.00
Commercial fertilizer / Other	0.00	0.00	0.00	0.00
Dry manure	0.00	0.00	0.00	0.00
Process wastewater	198.03	37.59	201.72	1,714.06
Fresh water	0.00	0.00	0.00	249.20
Atmospheric deposition	7.00	0.00	0.00	0.00
Total nutrients applied	205.03	37.59	201.72	1,963.26
Anticipated crop nutrient removal	160.00	25.60	132.80	0.00
Actual crop nutrient removal	151.37	26.75	197.70	698.15
Nutrient balance	53.66	10.84	4.02	1,265.11
Applied to removed ratio	1.35	1.41	1.02	2.81

Fresh water applied	
7,823,510.00	*gallons*
288.11	*acre-inches*
4.72	*inches/acre*

Process wastewater applied	
2,227,750.00	*gallons*
82.04	*acre-inches*
1.34	*inches/acre*

Total harvests for the crop	
1	*harvests*

RR60 - 06/24/2023: Corn, silage

Field name: RR60 Crop: Corn, silage Plant date: 06/24/2023

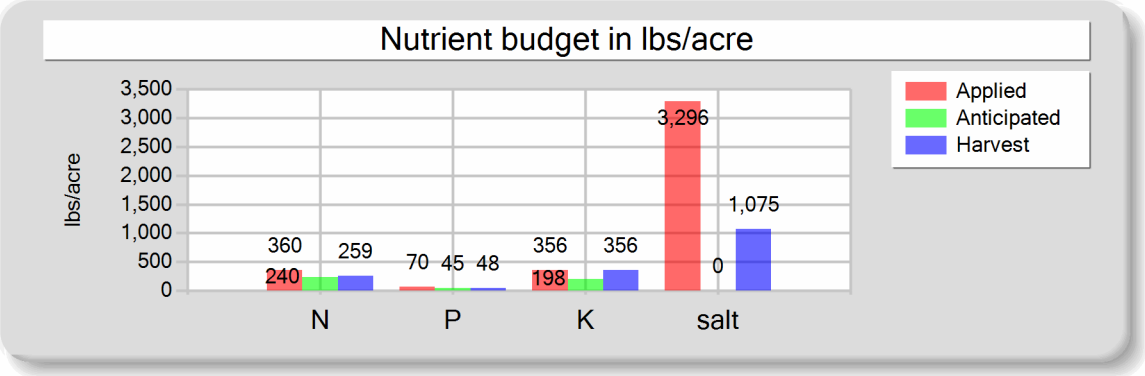

	Total N (lbs/acre)	Total P (lbs/acre)	Total K (lbs/acre)	Total salt (lbs/acre)
Existing soil nutrient content	0.00	0.00	0.00	0.00
Plowdown credit	0.00	0.00	0.00	0.00
Commercial fertilizer / Other	0.00	0.00	0.00	0.00
Dry manure	0.00	0.00	0.00	0.00
Process wastewater	353.35	70.31	355.74	3,203.23
Fresh water	0.00	0.00	0.00	92.77
Atmospheric deposition	7.00	0.00	0.00	0.00
Total nutrients applied	360.35	70.31	355.74	3,296.00
Anticipated crop nutrient removal	240.00	45.00	198.00	0.00
Actual crop nutrient removal	258.75	47.77	356.28	1,074.82
Nutrient balance	101.60	22.54	-0.54	2,221.18
Applied to removed ratio	1.39	1.47	1.00	3.07

Fresh water applied	
26,081,656.00	*gallons*
960.50	*acre-inches*
15.75	*inches/acre*

Process wastewater applied	
4,896,600.00	*gallons*
180.33	*acre-inches*
2.96	*inches/acre*

Total harvests for the crop	
1	*harvests*

Sams - 11/19/2022: Oats, silage-soft dough

Field name: Sams | Crop: Oats, silage-soft dough | Plant date: 11/19/2022

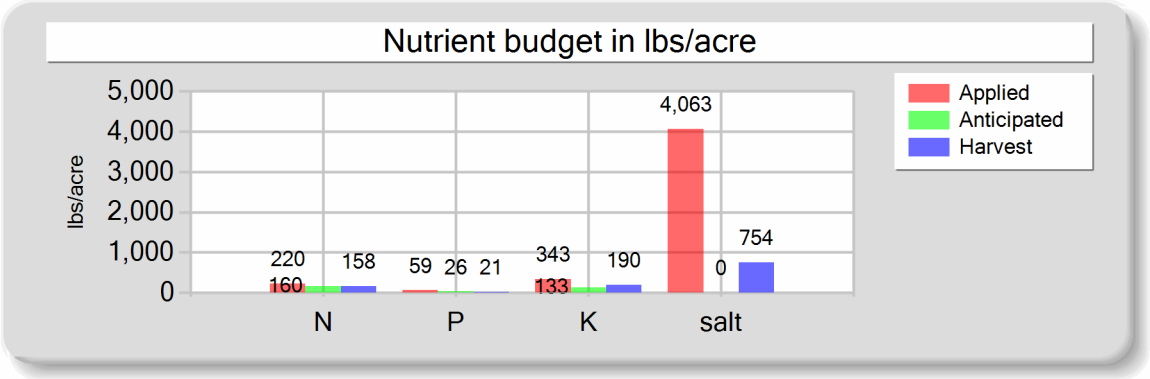

	Total N (lbs/acre)	Total P (lbs/acre)	Total K (lbs/acre)	Total salt (lbs/acre)
Existing soil nutrient content	0.00	0.00	0.00	0.00
Plowdown credit	0.00	0.00	0.00	0.00
Commercial fertilizer / Other	0.00	0.00	0.00	0.00
Dry manure	0.00	0.00	0.00	0.00
Process wastewater	213.03	59.13	342.90	2,999.61
Fresh water	0.00	0.00	0.00	1,063.29
Atmospheric deposition	7.00	0.00	0.00	0.00
Total nutrients applied	220.03	59.13	342.90	4,062.90
Anticipated crop nutrient removal	160.00	25.60	132.80	0.00
Actual crop nutrient removal	157.57	20.70	189.62	754.49
Nutrient balance	62.45	38.43	153.28	3,308.41
Applied to removed ratio	1.40	2.86	1.81	5.38

Fresh water applied	
6,391,764.00	*gallons*
235.39	*acre-inches*
8.41	*inches/acre*

Process wastewater applied	
2,113,650.00	*gallons*
77.84	*acre-inches*
2.78	*inches/acre*

Total harvests for the crop	
1	*harvests*

Sams - 06/11/2023: Corn, silage

Field name: Sams | Crop: Corn, silage | Plant date: 06/11/2023

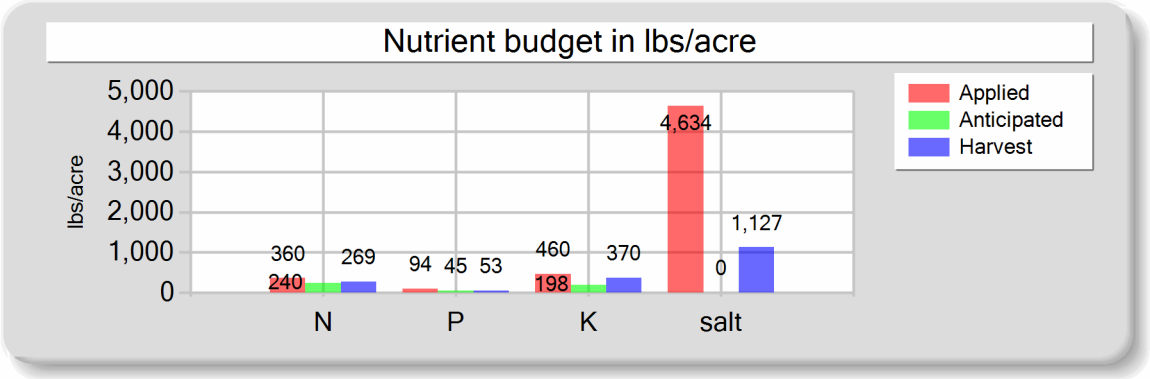

	Total N (lbs/acre)	Total P (lbs/acre)	Total K (lbs/acre)	Total salt (lbs/acre)
Existing soil nutrient content	0.00	0.00	0.00	0.00
Plowdown credit	0.00	0.00	0.00	0.00
Commercial fertilizer / Other	0.00	0.00	0.00	0.00
Dry manure	0.00	0.00	0.00	0.00
Process wastewater	353.27	94.08	459.89	4,379.61
Fresh water	0.00	0.00	0.00	254.71
Atmospheric deposition	7.00	0.00	0.00	0.00
Total nutrients applied	360.27	94.08	459.89	4,634.32
Anticipated crop nutrient removal	240.00	45.00	198.00	0.00
Actual crop nutrient removal	268.65	52.60	370.09	1,127.19
Nutrient balance	91.62	41.48	89.80	3,507.14
Applied to removed ratio	1.34	1.79	1.24	4.11

Fresh water applied	
32,870,713.00	*gallons*
1,210.52	*acre-inches*
43.23	*inches/acre*

Process wastewater applied	
4,019,700.00	*gallons*
148.03	*acre-inches*
5.29	*inches/acre*

Total harvests for the crop	
1	*harvests*

NUTRIENT ANALYSES

A. MANURE ANALYSES

Solid Manure

Sample and source description: Solid Manure

Sample date: 05/17/2023 Material type: Corral solids Source of analysis: Lab analysis Method of reporting: Dry-weight

Moisture: 5.2 %

	Total N (mg/kg)	Total P (mg/kg)	Total K (mg/kg)	Calcium (mg/kg)	Magnesium (mg/kg)	Sodium (mg/kg)	Sulfur (mg/kg)	Chloride (mg/kg)	Total salt (mg/kg)	TFS (%)
Value	23,200.00	9,900.00	22,700.00							
DL	100.00	100.00	100.00							

Solid Manure

Sample and source description: Solid Manure

Sample date: 11/01/2023 Material type: Corral solids Source of analysis: Lab analysis Method of reporting: Dry-weight

Moisture: 29.0 %

	Total N (mg/kg)	Total P (mg/kg)	Total K (mg/kg)	Calcium (mg/kg)	Magnesium (mg/kg)	Sodium (mg/kg)	Sulfur (mg/kg)	Chloride (mg/kg)	Total salt (mg/kg)	TFS (%)
Value	24,600.00	9,100.00	21,500.00							
DL	100.00	100.00	100.00							

B. PROCESS WASTEWATER ANALYSES

Lagoon Water

Sample and source description: Lagoon Water

Sample date: 02/22/2023 Material type: Process wastewater Source of analysis: Lab analysis pH: 7.30

	Kjeldahl-N (mg/L)	NH4-N (mg/L)	NH3-N (mg/L)	Nitrate-N (mg/L)	Total P (mg/L)	Total K (mg/L)	Calcium (mg/L)	Magnes. (mg/L)	Sodium (mg/L)	Bicarb. (mg/L)	Carb. (mg/L)	Sulfate (mg/L)	Chloride (mg/L)	EC (µmhos/cm)	TDS (mg/L)
Value	952.00	482.00	0.00	1.40	161.00	853.00								10,800.00	5,950
DL	1.00	0.50	0.50	0.10	0.10	0.50								10.00	10

Lagoon Water

Sample and source description: Lagoon Water

Sample date: 06/19/2023 Material type: Process wastewater Source of analysis: Lab analysis pH: 8.30

	Kjeldahl-N (mg/L)	NH4-N (mg/L)	NH3-N (mg/L)	Nitrate-N (mg/L)	Total P (mg/L)	Total K (mg/L)	Calcium (mg/L)	Magnes. (mg/L)	Sodium (mg/L)	Bicarb. (mg/L)	Carb. (mg/L)	Sulfate (mg/L)	Chloride (mg/L)	EC (µmhos/cm)	TDS (mg/L)
Value	172.00	45.80	0.00	1.70	98.70	727.00								7,650.00	5,520
DL	1.00	0.50	0.50	0.10	0.10	0.50								10.00	10

Lagoon Water

Sample and source description: Lagoon Water

Sample date: 09/20/2023 Material type: Process wastewater Source of analysis: Lab analysis pH: 7.60

	Kjeldahl-N (mg/L)	NH4-N (mg/L)	NH3-N (mg/L)	Nitrate-N (mg/L)	Total P (mg/L)	Total K (mg/L)	Calcium (mg/L)	Magnes. (mg/L)	Sodium (mg/L)	Bicarb. (mg/L)	Carb. (mg/L)	Sulfate (mg/L)	Chloride (mg/L)	EC (µmhos/cm)	TDS (mg/L)
Value	324.00	242.00	0.00	0.50	73.60	300.00								5,730.00	3,200
DL	1.00	0.50	0.50	0.10	0.10	0.50								10.00	10

Lagoon Water

Sample and source description: Lagoon Water

Sample date: 11/27/2023 Material type: Process wastewater Source of analysis: Lab analysis pH: 7.40

	Kjeldahl-N (mg/L)	NH4-N (mg/L)	NH3-N (mg/L)	Nitrate-N (mg/L)	Total P (mg/L)	Total K (mg/L)	Calcium (mg/L)	Magnes. (mg/L)	Sodium (mg/L)	Bicarb. (mg/L)	Carb. (mg/L)	Sulfate (mg/L)	Chloride (mg/L)	EC (µmhos/cm)	TDS (mg/L)
Value	534.00	318.00	0.00	0.00	109.00	589.00								8,730.00	5,500
DL	1.00	0.50	1.00	0.10	0.10	0.50								10.00	10

C. FRESH WATER ANALYSES

Domestic Well - DW-Barn

Domestic Well - DW-Barn

DW-Barn

Sample description: DW-Barn

Sample date: 11/15/2023 Source of analysis: Lab analysis

	Total N (mg/L)	NH4-N (mg/L)	Nitrate-N (mg/L)	Calcium (mg/L)	Magnesium (mg/L)	Sodium (mg/L)	Bicarbonate (mg/L)	Carbonate (mg/L)	Sulfate (mg/L)	Chloride (mg/L)	EC (µmhos/cm)	TDS (mg/L)
Value	0.10	0.00	0.10								1,590.00	
DL	0.10	0.10	0.10								10.00	

Domestic Well - DW-Shop

DW-Shop

Sample description: DW-Shop

Sample date: 11/15/2023 Source of analysis: Lab analysis

	Total N (mg/L)	NH4-N (mg/L)	Nitrate-N (mg/L)	Calcium (mg/L)	Magnesium (mg/L)	Sodium (mg/L)	Bicarbonate (mg/L)	Carbonate (mg/L)	Sulfate (mg/L)	Chloride (mg/L)	EC (µmhos/cm)	TDS (mg/L)
Value	0.10	0.00	0.10								1,580.00	
DL	0.10	0.10	0.10								10.00	

Irrigation Water - Canal

Canal

Sample description: Canal

Sample date: 07/24/2023 Source of analysis: Lab analysis

	Total N (mg/L)	NH4-N (mg/L)	Nitrate-N (mg/L)	Calcium (mg/L)	Magnesium (mg/L)	Sodium (mg/L)	Bicarbonate (mg/L)	Carbonate (mg/L)	Sulfate (mg/L)	Chloride (mg/L)	EC (µmhos/cm)	TDS (mg/L)
Value	0.00		0.00								31.50	26
DL	1.00		0.10								10.00	10

Irrigation Water - Pump #1

Irrigation Water - Pump #1

Pump #1

Sample description: Pump #1

Sample date: 08/09/2023 Source of analysis: Lab analysis

	Total N (mg/L)	NH4-N (mg/L)	Nitrate-N (mg/L)	Calcium (mg/L)	Magnesium (mg/L)	Sodium (mg/L)	Bicarbonate (mg/L)	Carbonate (mg/L)	Sulfate (mg/L)	Chloride (mg/L)	EC (µmhos/cm)	TDS (mg/L)
Value	4.48		4.20								1,920.00	1,200
DL	1.00		0.10								10.00	10

Irrigation Water - Pump #2

Pump #2

Sample description: Pump #2

Sample date: 08/09/2023 Source of analysis: Lab analysis

	Total N (mg/L)	NH4-N (mg/L)	Nitrate-N (mg/L)	Calcium (mg/L)	Magnesium (mg/L)	Sodium (mg/L)	Bicarbonate (mg/L)	Carbonate (mg/L)	Sulfate (mg/L)	Chloride (mg/L)	EC (µmhos/cm)	TDS (mg/L)
Value	18.40		18.00								2,220.00	1,560
DL	1.00		0.10								10.00	10

Irrigation Water - Pump #7

Pump #7

Sample description: Pump #7

Sample date: 08/09/2023 Source of analysis: Lab analysis

	Total N (mg/L)	NH4-N (mg/L)	Nitrate-N (mg/L)	Calcium (mg/L)	Magnesium (mg/L)	Sodium (mg/L)	Bicarbonate (mg/L)	Carbonate (mg/L)	Sulfate (mg/L)	Chloride (mg/L)	EC (µmhos/cm)	TDS (mg/L)
Value	0.00		0.00								1,710.00	1,050
DL	1.00		1.00								10.00	10

D. SOIL ANALYSES

40

40

Sample and source description: 40

Sample date: 10/23/2023 Source of analysis: Lab analysis

	Nitrate-N (mg/kg)	Total P (mg/kg)	Soluble P (mg/kg)	K (mg/kg)	EC (µmhos/cm)	Organic matter (%)	Total salt (mg/kg)
Value			556.00				
DL			2.00				

Goats

Goats

Sample and source description: Goats

Sample date: 10/19/2023 Source of analysis: Lab analysis

	Nitrate-N (mg/kg)	Total P (mg/kg)	Soluble P (mg/kg)	K (mg/kg)	EC (µmhos/cm)	Organic matter (%)	Total salt (mg/kg)
Value			288.00				
DL			2.00				

Johns

Johns

Sample and source description: Johns

Sample date: 10/19/2023 Source of analysis: Lab analysis

	Nitrate-N (mg/kg)	Total P (mg/kg)	Soluble P (mg/kg)	K (mg/kg)	EC (µmhos/cm)	Organic matter (%)	Total salt (mg/kg)
Value			292.00				
DL			2.00				

Moms

Moms

Moms

Sample and source description: Moms

Sample date: 10/23/2023 Source of analysis: Lab analysis

	Nitrate-N (mg/kg)	Total P (mg/kg)	Soluble P (mg/kg)	K (mg/kg)	EC (µmhos/cm)	Organic matter (%)	Total salt (mg/kg)
Value			459.00				
DL			2.00				

RR60

RR60

Sample and source description: RR60

Sample date: 10/19/2023 Source of analysis: Lab analysis

	Nitrate-N (mg/kg)	Total P (mg/kg)	Soluble P (mg/kg)	K (mg/kg)	EC (µmhos/cm)	Organic matter (%)	Total salt (mg/kg)
Value			250.00				
DL			2.00				

Sams

Sams

Sample and source description: Sams

Sample date: 10/23/2023 Source of analysis: Lab analysis

	Nitrate-N (mg/kg)	Total P (mg/kg)	Soluble P (mg/kg)	K (mg/kg)	EC (µmhos/cm)	Organic matter (%)	Total salt (mg/kg)
Value			502.00				
DL			2.00				

E. PLANT TISSUE ANALYSES

40 - 11/15/2022: Oats, silage-soft dough

40 - 11/15/2022: Oats, silage-soft dough

40

Sample and source description: 40

Sample date: 05/26/2022 Source of analysis: Lab analysis Method of reporting: Dry-weight

Moisture: 67.3 %

	Total N (mg/kg)	Total P (mg/kg)	Total K (mg/kg)	Total salt (mg/kg)	TFS (%)
Value	21,800.00	3,600.00	28,200.00		10.30
DL	0.01	0.01	0.01		0.01

40 - 06/14/2023: Corn, silage

40

Sample and source description: 40

Sample date: 10/06/2023 Source of analysis: Lab analysis Method of reporting: Dry-weight

Moisture: 63.2 %

	Total N (mg/kg)	Total P (mg/kg)	Total K (mg/kg)	Total salt (mg/kg)	TFS (%)
Value	13,700.00	2,300.00	16,500.00		5.40
DL	100.00	100.00	100.00		0.01

Goats - 11/19/2022: Oats, silage-soft dough

Goats

Sample and source description: Goats

Sample date: 05/26/2022 Source of analysis: Lab analysis Method of reporting: Dry-weight

Moisture: 67.5 %

	Total N (mg/kg)	Total P (mg/kg)	Total K (mg/kg)	Total salt (mg/kg)	TFS (%)
Value	19,900.00	3,300.00	25,900.00		10.40
DL	0.01	0.01	0.01		0.01

Goats - 06/12/2023: Corn, silage

Goats

Sample and source description: Goats

Sample date: 10/06/2023 Source of analysis: Lab analysis Method of reporting: Dry-weight

Moisture: 62.0 %

	Total N (mg/kg)	Total P (mg/kg)	Total K (mg/kg)	Total salt (mg/kg)	TFS (%)
Value	13,200.00	2,800.00	16,200.00		4.70
DL	100.00	100.00	100.00		0.01

Johns - 11/16/2022: Oats, silage-soft dough

John's

Sample and source description: John's

Sample date: 05/26/2022 Source of analysis: Lab analysis Method of reporting: Dry-weight

Moisture: 68.5 %

	Total N (mg/kg)	Total P (mg/kg)	Total K (mg/kg)	Total salt (mg/kg)	TFS (%)
Value	23,500.00	4,000.00	28,300.00		11.80
DL	0.01	0.01	0.01		0.01

Johns - 06/24/2023: Corn, silage

John's

Sample and source description: John's

Sample date: 10/06/2023 Source of analysis: Lab analysis Method of reporting: Dry-weight

Moisture: 62.0 %

	Total N (mg/kg)	Total P (mg/kg)	Total K (mg/kg)	Total salt (mg/kg)	TFS (%)
Value	12,800.00	2,900.00	15,200.00		5.10
DL	100.00	100.00	100.00		0.01

Moms - 11/15/2022: Oats, silage-soft dough

Mom's

Sample and source description: Mom's

Sample date: 05/26/2023 Source of analysis: Lab analysis Method of reporting: Dry-weight

Moisture: 66.4 %

	Total N (mg/kg)	Total P (mg/kg)	Total K (mg/kg)	Total salt (mg/kg)	TFS (%)
Value	20,500.00	3,600.00	28,400.00		10.30
DL	0.01	0.01	0.01		0.01

Moms - 06/14/2023: Corn, silage

Mom's

Sample and source description: Mom's

Sample date: 10/06/2023 Source of analysis: Lab analysis Method of reporting: Dry-weight

Moisture: 61.4 %

	Total N (mg/kg)	Total P (mg/kg)	Total K (mg/kg)	Total salt (mg/kg)	TFS (%)
Value	12,700.00	2,200.00	13,600.00		3.10
DL	100.00	100.00	100.00		0.01

RR50 - 11/17/2022: Oats, silage-soft dough

RR50A

Sample and source description: RR50A

Sample date: 05/26/2023 Source of analysis: Lab analysis Method of reporting: Dry-weight

Moisture: 67.9 %

	Total N (mg/kg)	Total P (mg/kg)	Total K (mg/kg)	Total salt (mg/kg)	TFS (%)
Value	22,900.00	4,100.00	30,500.00		11.20
DL	0.01	0.01	0.01		0.01

RR50 - 11/17/2022: Oats, silage-soft dough

RR50B

Sample and source description: RR50B

Sample date: 05/26/2023 Source of analysis: Lab analysis Method of reporting: Dry-weight

Moisture: 66.7 %

	Total N (mg/kg)	Total P (mg/kg)	Total K (mg/kg)	Total salt (mg/kg)	TFS (%)
Value	19,000.00	3,700.00	29,400.00		10.80
DL	0.01	0.01	0.01		0.01

RR50 - 06/24/2023: Corn, silage

RR50A

Sample and source description: RR50A

Sample date: 10/06/2023 Source of analysis: Lab analysis Method of reporting: Dry-weight

Moisture: 63.4 %

	Total N (mg/kg)	Total P (mg/kg)	Total K (mg/kg)	Total salt (mg/kg)	TFS (%)
Value	13,600.00	1,000.00	9,000.00		6.00
DL	100.00	100.00	100.00		0.01

RR50B

Sample and source description: RR50B

Sample date: 10/06/2023 Source of analysis: Lab analysis Method of reporting: Dry-weight

Moisture: 62.5 %

	Total N (mg/kg)	Total P (mg/kg)	Total K (mg/kg)	Total salt (mg/kg)	TFS (%)
Value	13,000.00	600.00	4,600.00		6.20
DL	100.00	100.00	100.00		0.01

RR60 - 11/17/2022: Oats, silage-soft dough

RR60 - 11/17/2022: Oats, silage-soft dough

RR60A

Sample and source description: RR60A

Sample date: 05/26/2023 Source of analysis: Lab analysis Method of reporting: Dry-weight

Moisture: 69.0 %

	Total N (mg/kg)	Total P (mg/kg)	Total K (mg/kg)	Total salt (mg/kg)	TFS (%)
Value	24,000.00	4,000.00	30,800.00		11.60
DL	0.01	0.01	0.01		0.01

RR60B

Sample and source description: RR60B

Sample date: 05/26/2023 Source of analysis: Lab analysis Method of reporting: Dry-weight

Moisture: 67.5 %

	Total N (mg/kg)	Total P (mg/kg)	Total K (mg/kg)	Total salt (mg/kg)	TFS (%)
Value	23,200.00	4,100.00	30,300.00		10.70
DL	0.01	0.01	0.01		0.01

RR60 - 06/24/2023: Corn, silage

RR60A

Sample and source description: RR60A

Sample date: 10/06/2023 Source of analysis: Lab analysis Method of reporting: Dry-weight

Moisture: 63.3 %

	Total N (mg/kg)	Total P (mg/kg)	Total K (mg/kg)	Total salt (mg/kg)	TFS (%)
Value	12,400.00	2,500.00	19,800.00		5.90
DL	100.00	100.00	100.00		0.01

RR60 - 06/24/2023: Corn, silage

RR60B

Sample and source description: RR60B

Sample date: 10/06/2023 Source of analysis: Lab analysis Method of reporting: Dry-weight

Moisture: 62.6 %

	Total N (mg/kg)	Total P (mg/kg)	Total K (mg/kg)	Total salt (mg/kg)	TFS (%)
Value	13,000.00	2,400.00	17,900.00		5.40
DL	100.00	100.00	100.00		0.01

Sams - 11/19/2022: Oats, silage-soft dough

Sams

Sample and source description: Sams

Sample date: 05/26/2023 Source of analysis: Lab analysis Method of reporting: Dry-weight

Moisture: 67.8 %

	Total N (mg/kg)	Total P (mg/kg)	Total K (mg/kg)	Total salt (mg/kg)	TFS (%)
Value	23,600.00	3,100.00	28,400.00		11.30
DL	0.01	0.01	0.01		0.01

Sams - 06/11/2023: Corn, silage

Sams

Sample and source description: Sams

Sample date: 10/06/2023 Source of analysis: Lab analysis Method of reporting: Dry-weight

Moisture: 63.9 %

	Total N (mg/kg)	Total P (mg/kg)	Total K (mg/kg)	Total salt (mg/kg)	TFS (%)
Value	14,300.00	2,800.00	19,700.00		6.00
DL	100.00	100.00	100.00		0.01

F. SUBSURFACE (TILE) DRAINAGE ANALYSES

No subsurface (tile) drainage analyses entered.

NUTRIENT APPLICATIONS, POTENTIAL REMOVAL, AND BALANCE

A. SUMMARY OF NUTRIENT APPLICATIONS, POTENTIAL REMOVAL, AND BALANCE

	Total N (lbs)	Total P (lbs)	Total K (lbs)	Total salt (lbs)
Existing soil nutrient content	0.00	0.00	0.00	0.00
Plowdown credit	0.00	0.00	0.00	0.00
Commercial fertilizer / Other	0.00	0.00	0.00	0.00
Dry manure	4,398.72	1,877.04	4,303.92	0.00
Process wastewater	123,450.41	29,892.59	166,922.68	1,474,736.90
Fresh water	0.00	0.00	0.00	151,795.66
Atmospheric deposition	3,248.00	0.00	0.00	0.00
Total nutrients applied	131,097.13	31,769.63	171,226.60	1,626,532.56
Anticipated crop nutrient removal	93,088.00	16,379.20	76,745.60	0.00
Actual crop nutrient removal	96,836.83	16,168.73	118,029.95	422,294.36
Nutrient balance	34,260.31	15,600.90	53,196.65	1,204,238.20
Applied to removed ratio	1.35	1.96	1.45	3.85

B. POUNDS OF NUTRIENT APPLIED VS. CROP REMOVAL

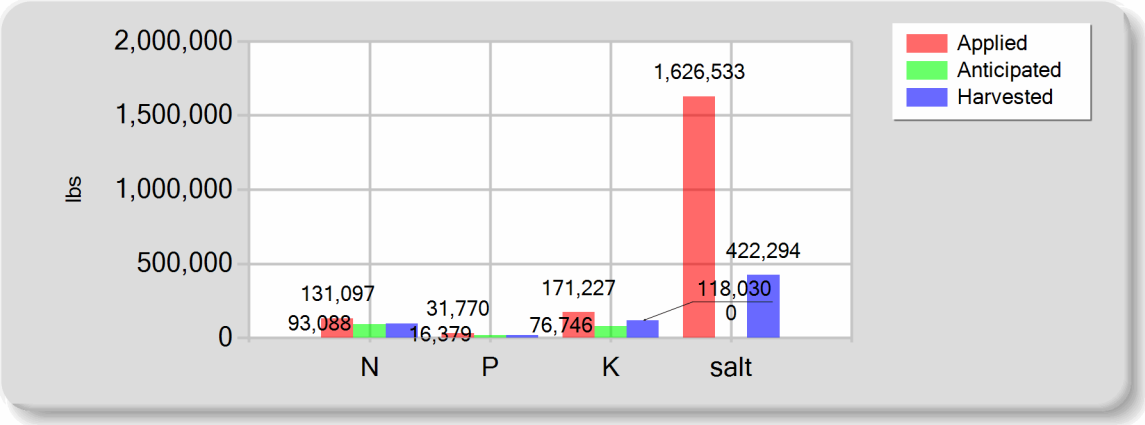

C. POUNDS OF NUTRIENT APPLIED BY MATERIAL TYPE

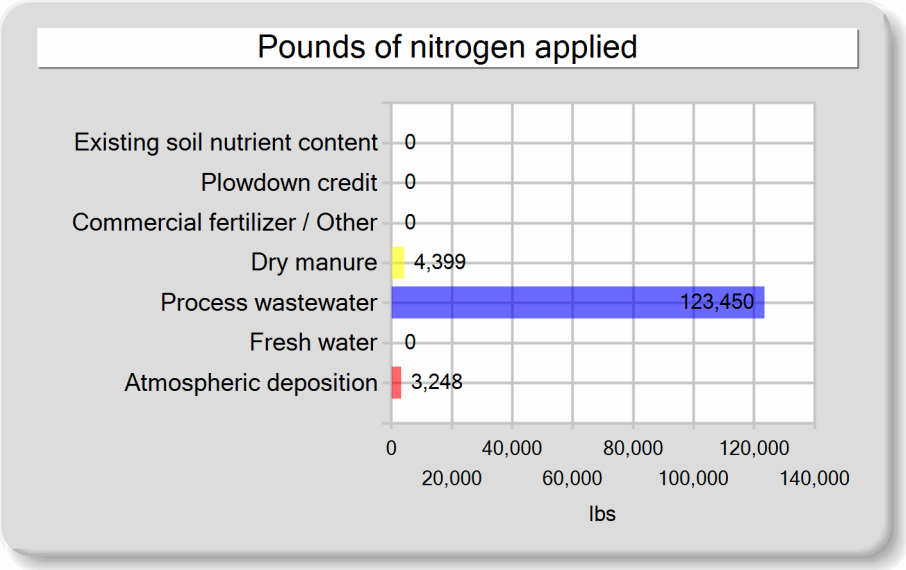

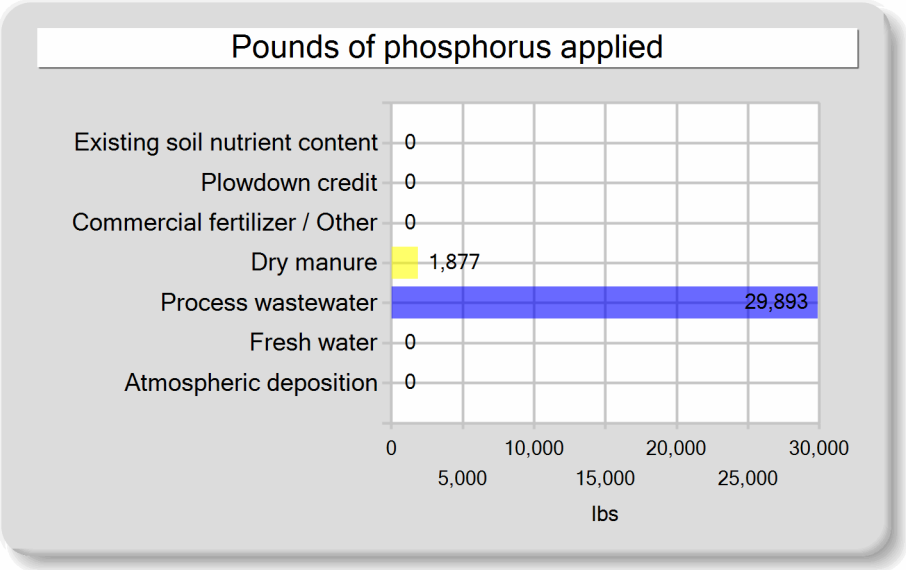

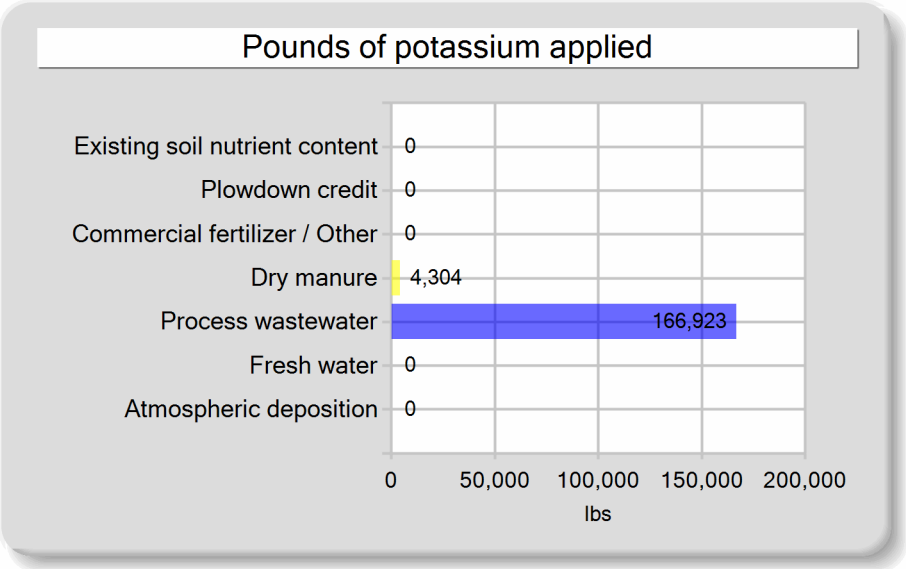

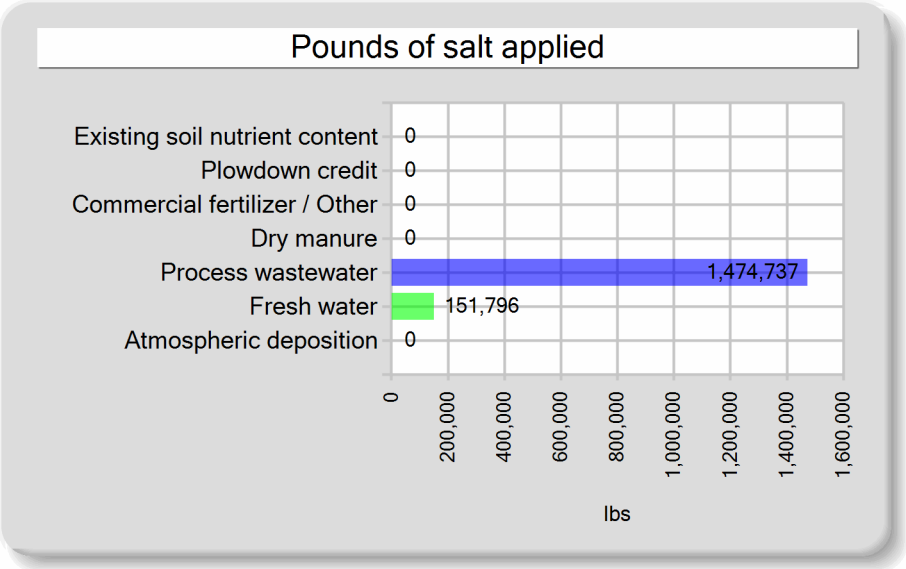

EXCEPTION REPORTING

A. MANURE, PROCESS WASTEWATER, AND OTHER DAIRY WASTE DISCHARGES

The following is a summary of all manure and process wastewater discharges from the production area to surface water or to land areas (land application areas or otherwise) when not in accordance with the facility's Nutrient Management Plan.

No manure or process wastewater discharges occurred during the reporting period.

B. STORM WATER DISCHARGES

The following is a summary of all storm water discharges from the production area to surface water during the reporting period when not in accordance with the facility 's Nutrient Management Plan.

No stormwater discharges occurred during the reporting period.

C. LAND APPLICATION AREA TO SURFACE WATER DISCHARGES

The following is a summary of all discharges from the land application area to surface water that have occurred during the reporting period when not in accordance with the facility's Nutrient Management Plan.

No land application area to surface water discharges occurred during the reporting period.

NUTRIENT MANAGEMENT PLAN AND EXPORT AGREEMENT STATEMENTS

A. NUTRIENT MANAGEMENT PLAN STATEMENTS

Was the facility's NMP updated in the reporting period?	Yes
Was the facility's NMP developed by a certified nutrient management planner (specialist) as specified in Attachment C of the General Order?	Yes
Was the facility's NMP approved by a certified nutrient management planner (specialist) as specified in Attachment C of the General Order?	Yes

B. EXPORT AGREEMENT STATEMENT

Are there any written agreements with third parties to receive manure or process wastewater that are new or were revised within the reporting period?	No

ADDITIONAL NOTES

A. NOTES

Soil Analysis: Soluble phosphorus reported as phosphorus weak bray.

CERTIFICATION

A. OWNER AND/OR OPERATOR CERTIFICATION

I certify under penalty of law that I have personally examined and am familiar with the information submitted in this document and all attachments and that, based on my inquiry of those individuals immediately responsible for obtaining the information, I believe that the information is true, accurate, and complete. I am aware that there are significant penalties for submitting false information, including the possibility of fine and imprisonment.

Larry A. Matos Larry A. Matos (Jun 27, 2024 15:30 PDT)	Larry A. Matos Larry A. Matos (Jun 27, 2024 15:30 PDT)
SIGNATURE OF OWNER OF FACILITY	SIGNATURE OF OPERATOR OF FACILITY
River Rock Ranch, LLC	California Dairy Farms, LLC
PRINT OR TYPE NAME	PRINT OR TYPE NAME
06/27/2024	06/28/2024
DATE	DATE

DELLAVALLE™
LABORATORY INC

R & J Avila Inc
8119 Ellington Ave
Hilmar, CA 95324

Account# 00-0019840
Account Manager: Ben Nydam
Submitted By: Rui & John Avila
Ranch: CDF-Stevinson

Received: 08/10/2023 16:15
Reported: 08/21/2023 09:52

Samples in this Report

Lab ID	Sample	Matrix	Sampled By	Crop	Date Sampled
23H1152-01	Pump #1	Ag Water	T. Madruga		08/09/2023 16:00
23H1152-02	Pump #2	Ag Water	T. Madruga		08/09/2023 16:00
23H1152-03	Pump #7	Ag Water	T. Madruga		08/09/2023 16:00

Default Cooler Temperature on Receipt °C: 1.0
Containers Intact
COC/Labels Agree
Received On Ice

Notes and Definitions

Item	Definition
H	Hold Time Exceeded
MCL	Drinking Water Maximum Contaminant Level
ND	Analyte NOT DETECTED at or above the reporting limit.
NES	Not Enough Sample
*	Not Taken
RPD	Relative Percent Difference
%REC	Percent Recovery
Source	Sample that was matrix spiked or duplicated.

Scott McFriedland

Laboratory Director/Technical Manager

ELAP Certification #1595
A2LA Certification #6440.02

The results in this report apply to the samples as received and were analyzed in accordance with the chain of custody document. This analytical report must be reproduced in its entirety. All results listed in this report are for the exclusive use of the submitting party. Dellavalle Laboratory, Inc. assumes no responsibility for report alteration, separation, detachment or third party interpretation.

DELLAVALLE™
LABORATORY INC

R & J Avila Inc
8119 Ellington Ave
Hilmar, CA 95324

Account# 00-0019840
Account Manager: Ben Nydam
Submitted By: Rui & John Avila
Ranch: CDF-Stevinson

Received: 08/10/2023 16:15
Reported: 08/21/2023 09:52

Sample Results

Sample: Pump #1
23H1152-01 (Water)

Sampled: 8/9/2023 16:00
Sampled By: T. Madruga

Analyte	Result	Units	Reporting Limit	DIL	DW MCL	Date/Time Analyzed	Method	Notes	Batch
Electrical Conductivity	**1.92**	mmhos/cm	0.01	1		08/14/23 18:30	SM 2510 B		BEH0590
Electrical Conductivity umhos	**1920**	umhos/cm	10.0	1		08/14/23 18:30	SM 2510 B		BEH0590
Nitrate Nitrogen as NO3N	**4.2**	mg/L	0.1	1	10	08/10/23 22:01	EPA 300.0		BEH0520
pH	**7.6**	units	1.0	1		08/14/23 18:30	SM 4500-H+	H	BEH0590
Total Filterable Solids (TDS)	**1200**	mg/L	10.0	1		08/15/23 11:41	SM 2540 C		BEH0607
Temperature	**25.0**	°C	0.0	1		08/14/23 18:30	SM 2510 B		BEH0590
Kjeldahl Nitrogen (TKN), Total	ND	mg/L	1.00	1		08/16/23 08:59	SM 4500-NH3 C		BEH0647
Total Nitrogen	**4.48**	mg/L	1.00	1		08/16/23 08:59	SM 4500-NH3 C		BEH0647

The results in this report apply to the samples as received and were analyzed in accordance with the chain of custody document. This analytical report must be reproduced in its entirety. All results listed in this report are for the exclusive use of the submitting party. Dellavalle Laboratory, Inc. assumes no responsibility for report alteration, separation, detachment or third party interpretation.

DELLAVALLE™
LABORATORY INC

R & J Avila Inc
8119 Ellington Ave
Hilmar, CA 95324

Account# 00-0019840
Account Manager: Ben Nydam
Submitted By: Rui & John Avila
Ranch: CDF-Stevinson

Received: 08/10/2023 16:15
Reported: 08/21/2023 09:52

Sample Results
(Continued)

Sample: Pump #2
23H1152-02 (Water)

Sampled: 8/9/2023 16:00
Sampled By: T. Madruga

Analyte	Result	Units	Reporting Limit	DIL	DW MCL	Date/Time Analyzed	Method	Notes	Batch
Electrical Conductivity	**2.22**	mmhos/cm	0.01	1		08/14/23 18:31	SM 2510 B		BEH0590
Electrical Conductivity umhos	**2220**	umhos/cm	10.0	1		08/14/23 18:31	SM 2510 B		BEH0590
Nitrate Nitrogen as NO3N	**18.0**	mg/L	0.1	1	10	08/10/23 22:21	EPA 300.0		BEH0520
pH	**7.3**	units	1.0	1		08/14/23 18:31	SM 4500-H+	H	BEH0590
Total Filterable Solids (TDS)	**1560**	mg/L	10.0	1		08/15/23 11:41	SM 2540 C		BEH0607
Temperature	**25.0**	°C	0.0	1		08/14/23 18:31	SM 2510 B		BEH0590
Kjeldahl Nitrogen (TKN), Total	ND	mg/L	1.00	1		08/16/23 09:00	SM 4500-NH3 C		BEH0647
Total Nitrogen	**18.4**	mg/L	1.00	1		08/16/23 09:00	SM 4500-NH3 C		BEH0647

The results in this report apply to the samples as received and were analyzed in accordance with the chain of custody document. This analytical report must be reproduced in its entirety. All results listed in this report are for the exclusive use of the submitting party. Dellavalle Laboratory, Inc. assumes no responsibility for report alteration, separation, detachment or third party interpretation.

DELLAVALLE™
LABORATORY INC

R & J Avila Inc
8119 Ellington Ave
Hilmar, CA 95324

Account# 00-0019840
Account Manager: Ben Nydam
Submitted By: Rui & John Avila
Ranch: CDF-Stevinson

Received: 08/10/2023 16:15
Reported: 08/21/2023 09:52

Sample Results
(Continued)

Sample: Pump #7
23H1152-03 (Water)

Sampled: 8/9/2023 16:00
Sampled By: T. Madruga

Analyte	Result	Units	Reporting Limit	DIL	DW MCL	Date/Time Analyzed	Method	Notes	Batch
Electrical Conductivity	**1.71**	mmhos/cm	0.01	1		08/14/23 18:33	SM 2510 B		BEH0590
Electrical Conductivity umhos	**1710**	umhos/cm	10.0	1		08/14/23 18:33	SM 2510 B		BEH0590
Nitrate Nitrogen as NO3N	ND	mg/L	0.1	1	10	08/10/23 22:40	EPA 300.0		BEH0520
pH	**7.6**	units	1.0	1		08/14/23 18:33	SM 4500-H+	H	BEH0590
Total Filterable Solids (TDS)	**1050**	mg/L	10.0	1		08/15/23 11:41	SM 2540 C		BEH0607
Temperature	**25.0**	°C	0.0	1		08/14/23 18:33	SM 2510 B		BEH0590
Kjeldahl Nitrogen (TKN), Total	ND	mg/L	1.00	1		08/16/23 09:02	SM 4500-NH3 C		BEH0647
Total Nitrogen	ND	mg/L	1.00	1		08/16/23 09:02	SM 4500-NH3 C		BEH0647

The results in this report apply to the samples as received and were analyzed in accordance with the chain of custody document. This analytical report must be reproduced in its entirety. All results listed in this report are for the exclusive use of the submitting party. Dellavalle Laboratory, Inc. assumes no responsibility for report alteration, separation, detachment or third party interpretation.

DELLAVALLE™
LABORATORY INC

R & J Avila Inc
8119 Ellington Ave
Hilmar, CA 95324

Account# 00-0019840
Account Manager: Ben Nydam
Submitted By: Rui & John Avila
Ranch: CDF-Stevinson

Received: 08/10/2023 16:15
Reported: 08/21/2023 09:52

Quality Control

Analyte	Result	Qual	Reporting Limit	Units	Spike Level	Source Result	%REC	%REC Limits	RPD	RPD Limit
Batch: BEH0520										
Blank (BEH0520-BLK1)					Prepared & Analyzed: 8/10/2023					
Nitrate Nitrogen as NO3N	ND		0.1	mg/L						
Blank (BEH0520-BLK2)					Prepared: 8/10/2023 Analyzed: 8/11/2023					
Nitrate Nitrogen as NO3N	ND		0.1	mg/L						
LCS (BEH0520-BS1)					Prepared: 8/10/2023 Analyzed: 8/11/2023					
Nitrate Nitrogen as NO3N	4.7		0.1	mg/L	5.000		95.0	90-110		
Duplicate (BEH0520-DUP1)		**Source: 23H1151-02**			Prepared: 8/10/2023 Analyzed: 8/11/2023					
Nitrate Nitrogen as NO3N	1.2		0.1	mg/L		1.2			1.25	10
Matrix Spike (BEH0520-MS1)		**Source: 23H1151-02**			Prepared: 8/10/2023 Analyzed: 8/11/2023					
Nitrate Nitrogen as NO3N	5.9		0.1	mg/L	5.000	1.2	94.8	90-110		
Reference (BEH0520-SRM1)					Prepared & Analyzed: 8/10/2023					
Nitrate Nitrogen as NO3N	9.6			mg/L	10.00		96.2	90-110		
Reference (BEH0520-SRM2)					Prepared: 8/10/2023 Analyzed: 8/11/2023					
Nitrate Nitrogen as NO3N	9.6			mg/L	10.00		96.0	90-110		

The results in this report apply to the samples as received and were analyzed in accordance with the chain of custody document. This analytical report must be reproduced in its entirety. All results listed in this report are for the exclusive use of the submitting party. Dellavalle Laboratory, Inc. assumes no responsibility for report alteration, separation, detachment or third party interpretation.

DELLAVALLE™ LABORATORY INC

R & J Avila Inc
8119 Ellington Ave
Hilmar, CA 95324

Account# 00-0019840
Account Manager: Ben Nydam
Submitted By: Rui & John Avila
Ranch: CDF-Stevinson

Received: 08/10/2023 16:15
Reported: 08/21/2023 09:52

Quality Control
(Continued)

Analyte	Result	Qual	Reporting Limit	Units	Spike Level	Source Result	%REC	%REC Limits	RPD	RPD Limit
Batch: BEH0590										
Blank (BEH0590-BLK1)					Prepared: 8/10/2023	Analyzed: 8/14/2023				
pH	4.4		1.0	units						
Electrical Conductivity	ND		0.01	mmhos/cm						
Electrical Conductivity umhos	ND		10.0	umhos/cm						
Temperature	25.0		0.0	°C						
Blank (BEH0590-BLK2)					Prepared: 8/10/2023	Analyzed: 8/14/2023				
Electrical Conductivity	ND		0.01	mmhos/cm						
pH	4.5		1.0	units						
Electrical Conductivity umhos	ND		10.0	umhos/cm						
Temperature	25.0		0.0	°C						
Blank (BEH0590-BLK3)					Prepared: 8/10/2023	Analyzed: 8/14/2023				
pH	4.3		1.0	units						
Electrical Conductivity	ND		0.01	mmhos/cm						
Temperature	25.0		0.0	°C						
Electrical Conductivity umhos	ND		10.0	umhos/cm						
Duplicate (BEH0590-DUP1)		**Source: 23H1104-02**			Prepared: 8/10/2023	Analyzed: 8/14/2023				
Electrical Conductivity	0.27		0.01	mmhos/cm		0.27			0.151	10
pH	7.8		1.0	units		7.4			4.62	10
Electrical Conductivity umhos	265		10.0	umhos/cm		266			0.151	10
Duplicate (BEH0590-DUP2)		**Source: 23H1149-01**			Prepared: 8/10/2023	Analyzed: 8/14/2023				
Electrical Conductivity	0.03		0.01	mmhos/cm		0.03			8.97	10
pH	7.4		1.0	units		7.0			5.98	10
Electrical Conductivity umhos	27.7		10.0	umhos/cm		30.3			8.97	10
Reference (BEH0590-SRM1)					Prepared: 8/10/2023	Analyzed: 8/14/2023				
Electrical Conductivity	496			umhos/cm	538.0		92.2	90-110		
Reference (BEH0590-SRM2)					Prepared: 8/10/2023	Analyzed: 8/14/2023				
pH	5.8			units	5.820		99.3	28178-101.71		
Reference (BEH0590-SRM3)					Prepared: 8/10/2023	Analyzed: 8/14/2023				
Electrical Conductivity	939			umhos/cm	1000		93.9	90-110		
Electrical Conductivity umhos	939			umhos/cm	1000		93.9	90-110		
Reference (BEH0590-SRM4)					Prepared: 8/10/2023	Analyzed: 8/14/2023				
Electrical Conductivity	942			umhos/cm	1000		94.2	90-110		
Electrical Conductivity umhos	942			umhos/cm	1000		94.2	90-110		
Reference (BEH0590-SRM5)					Prepared: 8/10/2023	Analyzed: 8/14/2023				
Electrical Conductivity	950			umhos/cm	1000		95.0	90-110		

The results in this report apply to the samples as received and were analyzed in accordance with the chain of custody document. This analytical report must be reproduced in its entirety. All results listed in this report are for the exclusive use of the submitting party. Dellavalle Laboratory, Inc. assumes no responsibility for report alteration, separation, detachment or third party interpretation.

DELLAVALLE™
LABORATORY INC

R & J Avila Inc
8119 Ellington Ave
Hilmar, CA 95324

Account# 00-0019840
Account Manager: Ben Nydam
Submitted By: Rui & John Avila
Ranch: CDF-Stevinson

Received: 08/10/2023 16:15
Reported: 08/21/2023 09:52

Quality Control
(Continued)

Analyte	Result	Qual	Reporting Limit	Units	Spike Level	Source Result	%REC	%REC Limits	RPD	RPD Limit
Batch: BEH0590 (Continued)										
Reference (BEH0590-SRM5)					Prepared: 8/10/2023	Analyzed: 8/14/2023				
Electrical Conductivity umhos	950			umhos/cm	1000		95.0	90-110		
Reference (BEH0590-SRM6)					Prepared: 8/10/2023	Analyzed: 8/14/2023				
pH	4.0			units	4.000		100	97.5-102.5		
Reference (BEH0590-SRM7)					Prepared: 8/10/2023	Analyzed: 8/14/2023				
pH	4.0			units	4.000		100	97.5-102.5		
Reference (BEH0590-SRM8)					Prepared: 8/10/2023	Analyzed: 8/14/2023				
pH	4.0			units	4.000		99.8	97.5-102.5		

The results in this report apply to the samples as received and were analyzed in accordance with the chain of custody document. This analytical report must be reproduced in its entirety. All results listed in this report are for the exclusive use of the submitting party. Dellavalle Laboratory, Inc. assumes no responsibility for report alteration, separation, detachment or third party interpretation.

DELLAVALLE™
LABORATORY INC

R & J Avila Inc
8119 Ellington Ave
Hilmar, CA 95324

Account# 00-0019840
Account Manager: Ben Nydam
Submitted By: Rui & John Avila
Ranch: CDF-Stevinson

Received: 08/10/2023 16:15
Reported: 08/21/2023 09:52

Quality Control
(Continued)

Analyte	Result	Qual	Reporting Limit	Units	Spike Level	Source Result	%REC	%REC Limits	RPD	RPD Limit
Batch: BEH0607										
Blank (BEH0607-BLK1)					Prepared: 8/11/2023 Analyzed: 8/15/2023					
Total Filterable Solids (TDS)	ND		10.0	mg/L						
LCS (BEH0607-BS1)					Prepared: 8/11/2023 Analyzed: 8/15/2023					
Total Filterable Solids (TDS)	33.8		10.0	mg/L	2000		1.69	0-200		
Duplicate (BEH0607-DUP1)		**Source: 23H1140-03**			Prepared: 8/11/2023 Analyzed: 8/15/2023					
Total Filterable Solids (TDS)	680		10.0	mg/L		640			6.06	10
Duplicate (BEH0607-DUP2)		**Source: 23H1152-02**			Prepared: 8/11/2023 Analyzed: 8/15/2023					
Total Filterable Solids (TDS)	1580		10.0	mg/L		1560			1.27	10
Reference (BEH0607-SRM1)					Prepared: 8/11/2023 Analyzed: 8/15/2023					
Total Filterable Solids (TDS)	320			mg/L	325.0		98.5	90-110		
Reference (BEH0607-SRM2)					Prepared: 8/11/2023 Analyzed: 8/15/2023					
Total Filterable Solids (TDS)	507			mg/L	495.0		102	90-110		

The results in this report apply to the samples as received and were analyzed in accordance with the chain of custody document. This analytical report must be reproduced in its entirety. All results listed in this report are for the exclusive use of the submitting party. Dellavalle Laboratory, Inc. assumes no responsibility for report alteration, separation, detachment or third party interpretation.

DELLAVALLE™
LABORATORY INC

R & J Avila Inc
8119 Ellington Ave
Hilmar, CA 95324

Account# 00-0019840
Account Manager: Ben Nydam
Submitted By: Rui & John Avila
Ranch: CDF-Stevinson

Received: 08/10/2023 16:15
Reported: 08/21/2023 09:52

Quality Control
(Continued)

Analyte	Result	Qual	Reporting Limit	Units	Spike Level	Source Result	%REC	%REC Limits	RPD	RPD Limit
Batch: BEH0647										
Blank (BEH0647-BLK1)					Prepared: 8/14/2023	Analyzed: 8/16/2023				
Kjeldahl Nitrogen (TKN), Total	ND		1.00	mg/L						
Total Nitrogen	ND		1.00	mg/L						
Blank (BEH0647-BLK2)					Prepared: 8/14/2023	Analyzed: 8/16/2023				
Kjeldahl Nitrogen (TKN), Total	ND		1.00	mg/L						
Total Nitrogen	ND		1.00	mg/L						
LCS (BEH0647-BS1)					Prepared: 8/14/2023	Analyzed: 8/16/2023				
Kjeldahl Nitrogen (TKN), Total	5.92		1.00	mg/L	5.709		104	90-110		
LCS (BEH0647-BS2)					Prepared: 8/14/2023	Analyzed: 8/16/2023				
Kjeldahl Nitrogen (TKN), Total	5.77		1.00	mg/L	5.709		101	90-110		
Duplicate (BEH0647-DUP1)		**Source: 23H1151-02**			Prepared: 8/14/2023	Analyzed: 8/16/2023				
Kjeldahl Nitrogen (TKN), Total	ND		1.40	mg/L		ND				10
Duplicate (BEH0647-DUP2)		**Source: 23H1154-02**			Prepared: 8/14/2023	Analyzed: 8/16/2023				
Kjeldahl Nitrogen (TKN), Total	ND		1.40	mg/L		ND				10
Matrix Spike (BEH0647-MS1)		**Source: 23H1151-02**			Prepared: 8/14/2023	Analyzed: 8/16/2023				
Kjeldahl Nitrogen (TKN), Total	8.77		1.40	mg/L	7.992	ND	110	90-110		
Matrix Spike (BEH0647-MS2)		**Source: 23H1154-02**			Prepared: 8/14/2023	Analyzed: 8/16/2023				
Kjeldahl Nitrogen (TKN), Total	8.25		1.40	mg/L	7.992	ND	103	90-110		
Reference (BEH0647-SRM1)					Prepared: 8/14/2023	Analyzed: 8/16/2023				
Kjeldahl Nitrogen (TKN), Total	23.2			mg/L	23.80		97.6	90-110		

The results in this report apply to the samples as received and were analyzed in accordance with the chain of custody document. This analytical report must be reproduced in its entirety. All results listed in this report are for the exclusive use of the submitting party. Dellavalle Laboratory, Inc. assumes no responsibility for report alteration, separation, detachment or third party interpretation.

08/10/23 16:15 23H1152

DELLAVALLE LABORATORY, INC.

1910 W. McKinley Avenue, Suite 110 • Fresno, CA 93728
www.dellavallelab.com 559 233-6129 · 800 228-9896 · Fax 559 268-8174

No. Samples: 3 No. of Bottles: 6

Purchase Order No | Bill To: Acct # 19840 | Cons # 08

Results Need By

Water Type: [ ] Drinking Water [ ] Wastewater
[X] Ag Water [ ] Groundwater [ ] Monitoring Well

Name: R & J Avila Inc
Address: 8119 Ellington Avenue
City: Hilmar **State:** CA **Zip:** 95324
Telephone: (209) 669-7919 **Fax:** (209) 634-4604
Cell/Email: 209 678-3086 Rui / 209 678-1723 John frontdesk.randjavila@gmail.com
COPY TO:
REQUESTED BY: Rui & John Avila
PROJECT CDF - Stevinson
ID CROP: N/A

[X] Copy of Chain [X] QA/QC Documents
Sampled By: T. Madruga

Other:
Analysis and Bottles Required: (Please indicate Analysis)
( ) DWW1: EC, pH, NO_3-N (NH4-N Field Test)
(1-1 Liter Plastic, Unpreserved) White Per Sample
( ) DWW2: DWW1 Plus SO_4, CO_3, HCO_3, Cl, Ca, Mg, Na, TDS
(1-1 Liter Plastic, Unpreserved) White Per Sample
(X) DCW1: EC, NO_3-N, TDS + TKN & TN
(1-1 Liter Plastic, Unpreserved) White Per Sample
( ) DPW1: EC, pH, NO_3-N, NH_4-N, TKN, TDS, TP, TK
(1-1 Liter Plastic, Unpreserved) White Per Sample
( ) DPW2: DPW1 Plus SO_4, CO_3, HCO_3, Cl, Ca, Mg, Na
(1-1 Liter Plastic, Unpreserved) White Per Sample
( ) Other

	Description of Samples	Date Sampled	Time Sampled	Rec'd Temp °C	Field NH_4-N
1	Pump #1	8/9/2023	1600	1.0	
2	Pump #2	8/9/2023	1600	0.1	
3	Pump #7	8/9/2023	1600	0.6	
4					
5					
6					
7					
8					
9					
10					

IR Thermometer SN: 200560723
Correction Factor: 0°C
Calibration Due: 9/26/2023
Location: Laboratory

CHAIN OF CUSTODY

Carrier	Signature	Company	Received (Date/Time)	Relinquished (Date/Time)
First	John Avila	R & J Avila, Inc.	8/9/2023 @ 1600	8/10/2023 @ 900
Second		Dellavalle Laboratory, Inc.	8/10/2023 @ 900	8/10 3:30
Third				
Fourth			8/10 1615	

I guarantee that as the client, or on behalf of client named, I have the authority to contract the above requested services. Should it be found that I do not have such authority, I agree to be personally liable for all costs and, if there should be action against me for this breach, reasonable attorneys' fees. It is understood that payment is expected to be cash with samples unless terms have been previously arranged. Terms are net 30 days; overdue accounts will be charged a liquidated damage fee of 2% per month (annually 24%) or $5.00 per month whichever is greater.
If payment is not made when due and a legitimate dispute exists concerning the product or services of Dellavalle Laboratory, Inc., it will be submitted to mediation under the Rules and Procedures of Creative Alternative to Litigation, Inc. (*cal*). If the dispute is not resolved in mediation, then the dispute will be submitted to binding arbitration through ***cal*** under its Rules and Procedures. The parties will equally bear the costs of mediation/arbitration. If, however, the mediator declares that no legitimate dispute exists, then debtor will pay all mediation and arbitration costs, and in the event of arbitration,reasonable attorneys' fees of Dellavalle Laboratory.

Invoicing Information: ***Shipping***
Sampling hrs $ In
Miles $ Out
Consulting

Amt Paid	Rec By	Check #	Date

Signature

Samples recieved in cooler with ice (coolant)
[ ] Yes [ ] No

08/10/23 16:15 23H1152

Shipping Information: Fed Ex ☐ UPS ☐ GSO ☐ Picked-Up ☑ Walk In ☐ DLI Sampler ☐
Ontrac ☐ PMS ☐ USPS ☐ Other ☐ _____

Shipping Container: Ice Chest ☑ None ☐ Box ☐

Refrigerant: Wet Ice: ☑ Blue Ice: ☐ None: ☐

Container(s) Received	1	2	3	4	5	6	7	8	9	10
Plastics:										
100 mL sterile plastic $Na_2S_2O_3$ (Green)										
250 mL unpreserved (White)										
250 mL HNO_3 (Red)										
250 mL H_2SO_4 (Yellow)	1 L2	1 L2	1 L2							
500 mL unpreserved (White)										
500 mL HNO_3 (Red)										
500 mL H_2SO_4 (Yellow)										
1 L unpreserved (White)	1	1	1							
1 L unpreserved (BOD) (Purple)										
1 L HNO_3 (Red)										
1 L H_2SO_4 (Yellow)										
VOA Vials in sets of 3:										
40 mL VOA, HCl (Blue)										
40 mL VOA, $Na_2S_2O_3$ (Green)										
40 mL VOA, unpreserved (White)										
Glass:										
250 mL AG unpreserved (White)										
250 mL AG H_2SO_4 (Yellow)										
250 mL AG $Na_2S_2O_3$ (Green)										
250 mL AG $Na_2S_2O_3$ + MCAA										
500 mL glass unpreserved (White)										
500 mL AG HCl (Blue)										
1 L AG unpreserved (White)										
1 L AG H_2SO_4 (Yellow)										
1 L AG $Na_2S_2O_3$ (Green)										
1 L AG HCl (Blue)										
Special:										
Cr^{6+} w/Borate/HCO3/CO3										
Cyanide - 500 mL NaOH										
Asbestos - 2 - 1L P wrapped in foil										
500 mL or 1 L **AP** $Na_2S_2O_3$ (Green)										
1 L **AG** or **P** NaOH + ZnAc (Sulfide)										
Chlorite/Bromate 250 mL AG with EDA										
TTHM										
HAA5										
40 mL VOA, $Na_2S_2O_3$ + MCAA										

pH Strips
Lot: 10BDH4501 Exp: Jan 2025

DELLAVALLE™
LABORATORY INC

R & J Avila Inc
8119 Ellington Ave
Hilmar, CA 95324

Account# 00-0019840
Account Manager: Ben Nydam
Submitted By: Rui & John Avila
Ranch: CDF-Stevinson

Received: 11/16/2023 15:35
Reported: 11/22/2023 09:39

Samples in this Report

Lab ID	Sample	Matrix	Sampled By	Crop	Date Sampled
23K0904-01	DW-Barn	Ag Water	T. Madruga		11/15/2023 15:00
23K0904-02	DW-Shop	Ag Water	T. Madruga		11/15/2023 15:30

Default Cooler Temperature on Receipt °C: 3.8
Containers Intact
COC/Labels Agree
Received On Ice

Notes and Definitions

Item	Definition
H	Hold Time Exceeded
MCL	Drinking Water Maximum Contaminant Level
ND	Analyte NOT DETECTED at or above the reporting limit.
NES	Not Enough Sample
*	Not Taken
RPD	Relative Percent Difference
%REC	Percent Recovery
Source	Sample that was matrix spiked or duplicated.

Scott McFriedland

Laboratory Director/Technical Manager

ELAP Certification #1595
A2LA Certification #6440.02

The results in this report apply to the samples as received and were analyzed in accordance with the chain of custody document. This analytical report must be reproduced in its entirety. All results listed in this report are for the exclusive use of the submitting party. Dellavalle Laboratory, Inc. assumes no responsibility for report alteration, separation, detachment or third party interpretation.

DELLAVALLE™
LABORATORY INC

R & J Avila Inc
8119 Ellington Ave
Hilmar, CA 95324

Account# 00-0019840
Account Manager: Ben Nydam
Submitted By: Rui & John Avila
Ranch: CDF-Stevinson

Received: 11/16/2023 15:35
Reported: 11/22/2023 09:39

Sample Results

Sample: DW-Barn
23K0904-01 (Water)

Sampled: 11/15/2023 15:00
Sampled By: T. Madruga

Analyte	Result	Units	Reporting Limit	DIL	DW MCL	Date/Time Analyzed	Method	Notes	Batch
Electrical Conductivity	**1.59**	mmhos/cm	0.01	1		11/20/23 14:49	SM 2510 B		BEK0617
Electrical Conductivity umhos	**1590**	umhos/cm	10.0	1		11/20/23 14:49	SM 2510 B		BEK0617
Ammonia (as N)	ND	mg/L	0.00	1		11/15/23 15:00	Field		BEK0566
Nitrate Nitrogen as NO3N	**0.1**	mg/L	0.1	1	10	11/17/23 02:16	EPA 300.0		BEK0573
Temperature	**25.0**	units	0.0	1		11/20/23 14:49	SM 4500-H+	H	BEK0617
pH	**8.0**	units	1.0	1		11/20/23 14:49	SM 4500-H+	H	BEK0617

The results in this report apply to the samples as received and were analyzed in accordance with the chain of custody document. This analytical report must be reproduced in its entirety. All results listed in this report are for the exclusive use of the submitting party. Dellavalle Laboratory, Inc. assumes no responsibility for report alteration, separation, detachment or third party interpretation.

DELLAVALLE™
LABORATORY INC

R & J Avila Inc
8119 Ellington Ave
Hilmar, CA 95324

Account# 00-0019840
Account Manager: Ben Nydam
Submitted By: Rui & John Avila
Ranch: CDF-Stevinson

Received: 11/16/2023 15:35
Reported: 11/22/2023 09:39

Sample Results
(Continued)

Sample: DW-Shop
23K0904-02 (Water)

Sampled: 11/15/2023 15:30
Sampled By: T. Madruga

Analyte	Result	Units	Reporting Limit	DIL	DW MCL	Date/Time Analyzed	Method	Notes	Batch
Electrical Conductivity	**1.58**	mmhos/cm	0.01	1		11/20/23 15:04	SM 2510 B		BEK0618
Electrical Conductivity umhos	**1580**	umhos/cm	10.0	1		11/20/23 15:04	SM 2510 B		BEK0618
Ammonia (as N)	ND	mg/L	0.00	1		11/15/23 15:30	Field		BEK0566
Nitrate Nitrogen as NO3N	**0.1**	mg/L	0.1	1	10	11/17/23 02:36	EPA 300.0		BEK0573
Temperature	**25.0**	units	0.0	1		11/20/23 15:04	SM 4500-H+	H	BEK0618
pH	**7.9**	units	1.0	1		11/20/23 15:04	SM 4500-H+	H	BEK0618

The results in this report apply to the samples as received and were analyzed in accordance with the chain of custody document. This analytical report must be reproduced in its entirety. All results listed in this report are for the exclusive use of the submitting party. Dellavalle Laboratory, Inc. assumes no responsibility for report alteration, separation, detachment or third party interpretation.

DELLAVALLE™
LABORATORY INC

R & J Avila Inc
8119 Ellington Ave
Hilmar, CA 95324

Account# 00-0019840
Account Manager: Ben Nydam
Submitted By: Rui & John Avila
Ranch: CDF-Stevinson

Received: 11/16/2023 15:35
Reported: 11/22/2023 09:39

Quality Control

Analyte	Result	Qual	Reporting Limit	Units	Spike Level	Source Result	%REC	%REC Limits	RPD	RPD Limit
Batch: BEK0573										
Blank (BEK0573-BLK1)					Prepared & Analyzed: 11/16/2023					
Nitrate Nitrogen as NO3N	ND		0.1	mg/L						
Blank (BEK0573-BLK2)					Prepared & Analyzed: 11/16/2023					
Nitrate Nitrogen as NO3N	ND		0.1	mg/L						
Blank (BEK0573-BLK3)					Prepared: 11/16/2023 Analyzed: 11/17/2023					
Nitrate Nitrogen as NO3N	ND		0.1	mg/L						
Blank (BEK0573-BLK4)					Prepared: 11/16/2023 Analyzed: 11/17/2023					
Nitrate Nitrogen as NO3N	ND		0.1	mg/L						
LCS (BEK0573-BS1)					Prepared & Analyzed: 11/16/2023					
Nitrate Nitrogen as NO3N	5.2		0.1	mg/L	5.000		103	90-110		
LCS (BEK0573-BS2)					Prepared: 11/16/2023 Analyzed: 11/17/2023					
Nitrate Nitrogen as NO3N	5.2		0.1	mg/L	5.000		104	90-110		
LCS (BEK0573-BS3)					Prepared: 11/16/2023 Analyzed: 11/17/2023					
Nitrate Nitrogen as NO3N	5.2		0.1	mg/L	5.000		103	90-110		
Duplicate (BEK0573-DUP1)		**Source: 23K0896-02**			Prepared & Analyzed: 11/16/2023					
Nitrate Nitrogen as NO3N	5.8		0.1	mg/L		5.8			0.173	10
Duplicate (BEK0573-DUP2)		**Source: 23K0901-01**			Prepared: 11/16/2023 Analyzed: 11/17/2023					
Nitrate Nitrogen as NO3N	0.3		0.1	mg/L		0.3			0.629	10
Duplicate (BEK0573-DUP3)		**Source: 23K0935-02**			Prepared: 11/16/2023 Analyzed: 11/17/2023					
Nitrate Nitrogen as NO3N	1.5		0.1	mg/L		1.5			0.195	10
Matrix Spike (BEK0573-MS1)		**Source: 23K0896-02**			Prepared & Analyzed: 11/16/2023					
Nitrate Nitrogen as NO3N	11.0		0.1	mg/L	5.000	5.8	104	90-110		
Matrix Spike (BEK0573-MS2)		**Source: 23K0901-01**			Prepared: 11/16/2023 Analyzed: 11/17/2023					
Nitrate Nitrogen as NO3N	5.2		0.1	mg/L	5.000	0.3	97.1	90-110		
Matrix Spike (BEK0573-MS3)		**Source: 23K0935-02**			Prepared: 11/16/2023 Analyzed: 11/17/2023					
Nitrate Nitrogen as NO3N	6.8		0.1	mg/L	5.000	1.5	106	90-110		
Reference (BEK0573-SRM1)					Prepared & Analyzed: 11/16/2023					
Nitrate Nitrogen as NO3N	10.2			mg/L	10.00		102	90-110		
Reference (BEK0573-SRM2)					Prepared: 11/16/2023 Analyzed: 11/17/2023					
Nitrate Nitrogen as NO3N	10.3			mg/L	10.00		103	90-110		

The results in this report apply to the samples as received and were analyzed in accordance with the chain of custody document. This analytical report must be reproduced in its entirety. All results listed in this report are for the exclusive use of the submitting party. Dellavalle Laboratory, Inc. assumes no responsibility for report alteration, separation, detachment or third party interpretation.

DELLAVALLE™
LABORATORY INC

R & J Avila Inc
8119 Ellington Ave
Hilmar, CA 95324

Account# 00-0019840
Account Manager: Ben Nydam
Submitted By: Rui & John Avila
Ranch: CDF-Stevinson

Received: 11/16/2023 15:35
Reported: 11/22/2023 09:39

Quality Control
(Continued)

Analyte	Result	Qual	Reporting Limit	Units	Spike Level	Source Result	%REC	%REC Limits	RPD	RPD Limit
Batch: BEK0573 (Continued)										
Reference (BEK0573-SRM3)					Prepared: 11/16/2023	Analyzed: 11/17/2023				
Nitrate Nitrogen as NO3N	10.3			mg/L	10.00		103	90-110		
Reference (BEK0573-SRM4)					Prepared: 11/16/2023	Analyzed: 11/17/2023				
Nitrate Nitrogen as NO3N	10.3			mg/L	10.00		103	90-110		

The results in this report apply to the samples as received and were analyzed in accordance with the chain of custody document. This analytical report must be reproduced in its entirety. All results listed in this report are for the exclusive use of the submitting party. Dellavalle Laboratory, Inc. assumes no responsibility for report alteration, separation, detachment or third party interpretation.

DELLAVALLE™
LABORATORY INC

R & J Avila Inc
8119 Ellington Ave
Hilmar, CA 95324

Account# 00-0019840
Account Manager: Ben Nydam
Submitted By: Rui & John Avila
Ranch: CDF-Stevinson

Received: 11/16/2023 15:35
Reported: 11/22/2023 09:39

Quality Control
(Continued)

Analyte	Result	Qual	Reporting Limit	Units	Spike Level	Source Result	%REC	%REC Limits	RPD	RPD Limit
Batch: BEK0617										
Blank (BEK0617-BLK1)					Prepared: 11/17/2023	Analyzed: 11/20/2023				
Temperature	25.0		0.0	units						
Electrical Conductivity	ND		0.01	mmhos/cm						
Electrical Conductivity umhos	ND		10.0	umhos/cm						
pH	5.7		1.0	units						
Blank (BEK0617-BLK2)					Prepared: 11/17/2023	Analyzed: 11/20/2023				
Temperature	25.0		0.0	units						
Electrical Conductivity	ND		0.01	mmhos/cm						
Electrical Conductivity umhos	ND		10.0	umhos/cm						
pH	6.6		1.0	units						
Blank (BEK0617-BLK3)					Prepared: 11/17/2023	Analyzed: 11/20/2023				
Electrical Conductivity	ND		0.01	mmhos/cm						
Temperature	25.0		0.0	units						
Electrical Conductivity umhos	ND		10.0	umhos/cm						
pH	6.0		1.0	units						
Duplicate (BEK0617-DUP1)		**Source: 23K0902-03**			Prepared: 11/17/2023	Analyzed: 11/20/2023				
Electrical Conductivity	0.79		0.01	mmhos/cm		0.78			0.800	10
pH	7.7		1.0	units		7.7			0.130	10
Electrical Conductivity umhos	791		10.0	umhos/cm		785			0.800	10
Duplicate (BEK0617-DUP2)		**Source: 23K0904-01**			Prepared: 11/17/2023	Analyzed: 11/20/2023				
Electrical Conductivity	1.59		0.01	mmhos/cm		1.59			0.00	10
Electrical Conductivity umhos	1590		10.0	umhos/cm		1590			0.00	10
pH	8.0		1.0	units		8.0			0.125	10
Reference (BEK0617-SRM1)					Prepared: 11/17/2023	Analyzed: 11/20/2023				
Electrical Conductivity	555			umhos/cm	538.0		103	90-110		
Reference (BEK0617-SRM2)					Prepared: 11/17/2023	Analyzed: 11/20/2023				
pH	7.6			units	7.520		101	67021-101.32		
Reference (BEK0617-SRM3)					Prepared: 11/17/2023	Analyzed: 11/20/2023				
Electrical Conductivity	1030			umhos/cm	1000		103	90-110		
Electrical Conductivity umhos	1030			umhos/cm	1000		103	90-110		
Reference (BEK0617-SRM4)					Prepared: 11/17/2023	Analyzed: 11/20/2023				
Electrical Conductivity	1040			umhos/cm	1000		104	90-110		
Electrical Conductivity umhos	1040			umhos/cm	1000		104	90-110		
Reference (BEK0617-SRM5)					Prepared: 11/17/2023	Analyzed: 11/20/2023				
Electrical Conductivity	1040			umhos/cm	1000		104	90-110		

The results in this report apply to the samples as received and were analyzed in accordance with the chain of custody document. This analytical report must be reproduced in its entirety. All results listed in this report are for the exclusive use of the submitting party. Dellavalle Laboratory, Inc. assumes no responsibility for report alteration, separation, detachment or third party interpretation.

DELLAVALLE™
LABORATORY INC

R & J Avila Inc
8119 Ellington Ave
Hilmar, CA 95324

Account# 00-0019840
Account Manager: Ben Nydam
Submitted By: Rui & John Avila
Ranch: CDF-Stevinson

Received: 11/16/2023 15:35
Reported: 11/22/2023 09:39

Quality Control
(Continued)

Analyte	Result	Qual	Reporting Limit	Units	Spike Level	Source Result	%REC	%REC Limits	RPD	RPD Limit
Batch: BEK0617 (Continued)										
Reference (BEK0617-SRM5)					Prepared: 11/17/2023	Analyzed: 11/20/2023				
Electrical Conductivity umhos	1040			umhos/cm	1000		104	90-110		
Reference (BEK0617-SRM6)					Prepared: 11/17/2023	Analyzed: 11/20/2023				
pH	4.0			units	4.000		100	97.5-102.5		
Reference (BEK0617-SRM7)					Prepared: 11/17/2023	Analyzed: 11/20/2023				
pH	4.0			units	4.000		101	97.5-102.5		
Reference (BEK0617-SRM8)					Prepared: 11/17/2023	Analyzed: 11/20/2023				
pH	4.0			units	4.000		101	97.5-102.5		

The results in this report apply to the samples as received and were analyzed in accordance with the chain of custody document. This analytical report must be reproduced in its entirety. All results listed in this report are for the exclusive use of the submitting party. Dellavalle Laboratory, Inc. assumes no responsibility for report alteration, separation, detachment or third party interpretation.

DELLAVALLE™
LABORATORY INC

R & J Avila Inc
8119 Ellington Ave
Hilmar, CA 95324

Account# 00-0019840
Account Manager: Ben Nydam
Submitted By: Rui & John Avila
Ranch: CDF-Stevinson

Received: 11/16/2023 15:35
Reported: 11/22/2023 09:39

Quality Control
(Continued)

Analyte	Result	Qual	Reporting Limit	Units	Spike Level	Source Result	%REC	%REC Limits	RPD	RPD Limit
Batch: BEK0618										
Blank (BEK0618-BLK1)					Prepared: 11/17/2023	Analyzed: 11/20/2023				
Temperature	25.0		0.0	units						
Electrical Conductivity	ND		0.01	mmhos/cm						
Electrical Conductivity umhos	ND		10.0	umhos/cm						
pH	5.7		1.0	units						
Blank (BEK0618-BLK2)					Prepared: 11/17/2023	Analyzed: 11/20/2023				
Temperature	25.0		0.0	units						
Electrical Conductivity	ND		0.01	mmhos/cm						
pH	6.1		1.0	units						
Electrical Conductivity umhos	ND		10.0	umhos/cm						
Blank (BEK0618-BLK3)					Prepared: 11/17/2023	Analyzed: 11/20/2023				
Electrical Conductivity	ND		0.01	mmhos/cm						
Temperature	25.0		0.0	units						
pH	6.0		1.0	units						
Electrical Conductivity umhos	ND		10.0	umhos/cm						
Duplicate (BEK0618-DUP1)		**Source: 23K0907-01**			Prepared: 11/17/2023	Analyzed: 11/20/2023				
Electrical Conductivity	1.03		0.01	mmhos/cm		1.04			0.907	10
pH	8.3		1.0	units		8.3			0.242	10
Electrical Conductivity umhos	1030		10.0	umhos/cm		1040			0.907	10
Duplicate (BEK0618-DUP2)		**Source: 23K0930-04**			Prepared: 11/17/2023	Analyzed: 11/20/2023				
Electrical Conductivity	0.57		0.01	mmhos/cm		0.57			0.264	10
pH	8.1		1.0	units		8.1			0.248	10
Electrical Conductivity umhos	567		10.0	umhos/cm		569			0.264	10
Reference (BEK0618-SRM1)					Prepared: 11/17/2023	Analyzed: 11/20/2023				
Electrical Conductivity	554			umhos/cm	538.0		103	90-110		
Reference (BEK0618-SRM2)					Prepared: 11/17/2023	Analyzed: 11/20/2023				
pH	7.6			units	7.520		101	67021-101.32		
Reference (BEK0618-SRM3)					Prepared: 11/17/2023	Analyzed: 11/20/2023				
Electrical Conductivity	1040			umhos/cm	1000		104	90-110		
Electrical Conductivity umhos	1040			umhos/cm	1000		104	90-110		
Reference (BEK0618-SRM4)					Prepared: 11/17/2023	Analyzed: 11/20/2023				
Electrical Conductivity	1040			umhos/cm	1000		104	90-110		
Electrical Conductivity umhos	1040			umhos/cm	1000		104	90-110		
Reference (BEK0618-SRM5)					Prepared: 11/17/2023	Analyzed: 11/20/2023				
Electrical Conductivity	1050			umhos/cm	1000		105	90-110		

The results in this report apply to the samples as received and were analyzed in accordance with the chain of custody document. This analytical report must be reproduced in its entirety. All results listed in this report are for the exclusive use of the submitting party. Dellavalle Laboratory, Inc. assumes no responsibility for report alteration, separation, detachment or third party interpretation.

DELLAVALLE™
LABORATORY INC

R & J Avila Inc
8119 Ellington Ave
Hilmar, CA 95324

Account# 00-0019840
Account Manager: Ben Nydam
Submitted By: Rui & John Avila
Ranch: CDF-Stevinson

Received: 11/16/2023 15:35
Reported: 11/22/2023 09:39

Quality Control
(Continued)

Analyte	Result	Qual	Reporting Limit	Units	Spike Level	Source Result	%REC	%REC Limits	RPD	RPD Limit
Batch: BEK0618 (Continued)										
Reference (BEK0618-SRM5)					Prepared: 11/17/2023	Analyzed: 11/20/2023				
Electrical Conductivity umhos	1050			umhos/cm	1000		105	90-110		
Reference (BEK0618-SRM6)					Prepared: 11/17/2023	Analyzed: 11/20/2023				
pH	4.0			units	4.000		101	97.5-102.5		
Reference (BEK0618-SRM7)					Prepared: 11/17/2023	Analyzed: 11/20/2023				
pH	4.0			units	4.000		101	97.5-102.5		
Reference (BEK0618-SRM8)					Prepared: 11/17/2023	Analyzed: 11/20/2023				
pH	4.0			units	4.000		101	97.5-102.5		

The results in this report apply to the samples as received and were analyzed in accordance with the chain of custody document. This analytical report must be reproduced in its entirety. All results listed in this report are for the exclusive use of the submitting party. Dellavalle Laboratory, Inc. assumes no responsibility for report alteration, separation, detachment or third party interpretation.

11/16/23 15:35 23K0904

DELLAVALLE LABORATORY, INC.

1910 W. McKinley Avenue, Suite 110 • Fresno, CA 93728
www.dellavallelab.com 559 233-6129 · 800 228-9896 · Fax 559 268-8174

No. Samples: 2 No. of Bottles: 2

Purchase Order No | Bill To: Acct # 19840 | Cons # 08

Water Type: [ ] Drinking Water [ ] Wastewater
[X] Ag Water [ ] Groundwater [ ] Monitoring Well

Results Need By

Name: R & J Avila Inc
Address: 8119 Ellington Avenue
City: Hilmar **State: CA** **Zip:** 95324
Telephone: (209) 669-7919 **Fax:** (209) 634-4604
Cell/Email: 209 678-3086 Rui / 209 678-1723 John frontdesk.randjavila@gmail.com
COPY TO:

REQUESTED BY: Rui & John Avila
PROJECT CDF-Stevinson
ID CROP: N/A

[X] Copy of Chain [X] QA/QC Documents
Sampled By: T. Madruga

Other:

Analysis and Bottles Required: (Please indicate Analysis)

(X) DWW1: EC, pH, NO_3-N (NH4-N Field Test)
(1-1 Liter Plastic, Unpreserved) White Per Sample
( ) DWW2: DWW1 Plus SO_4, CO_3, HCO_3, Cl, Ca, Mg, Na, TDS
(1-1 Liter Plastic, Unpreserved) White Per Sample
( ) DCW1: EC, NO_3-N, TDS + TKN & TN
(1-1 Liter Plastic, Unpreserved) White Per Sample
( ) DPW1: EC, pH, NO_3-N, NH_4-N, TKN, TDS, TP, TK
(1-1 Liter Plastic, Unpreserved) White Per Sample
( ) DPW2: DPW1 Plus SO_4, CO_3, HCO_3, Cl, Ca, Mg, Na
(1-1 Liter Plastic, Unpreserved) White Per Sample
( ) Other

	Description of Samples	Date Sampled	Time Sampled	Rec'd Temp °C	Field NH_4-N
1	DW - Barn	11/15/2023	1500	3.8	ND
2	DW - Shop	11/15/2023	1530	2.4	ND
3					
4					
5					
6					
7					
8					
9					
10					

IR Thermometer SN: 221314357
Correction Factor: 0°C
Calibration Due: 12/22/2023
Location: Laboratory

CHAIN OF CUSTODY

Carrier	Signature	Company	Received (Date/Time)	Relinquished (Date/Time)
First	John Avila	R & J Avila, Inc.	11/15/2023 @ 1530	11/16/2023 @9am
Second	JLF	Dellavalle Laboratory, Inc.	11/16/2023 @9am	11-16-23 3:25
Third		DLI	11-16-23 15:35	
Fourth				

I guarantee that as the client, or on behalf of client named, I have the authority to contract the above requested services. Should it be found that I do not have such authority, I agree to be personally liable for all costs and, if there should be action against me for this breach, reasonable attorneys' fees. It is understood that payment is expected to be cash with samples unless terms have been previously arranged. Terms are net 30 days; overdue accounts will be charged a liquidated damage fee of 2% per month (annually 24%) or $5.00 per month whichever is greater.
If payment is not made when due and a legitimate dispute exists concerning the product or services of Dellavalle Laboratory, Inc., it will be submitted to mediation under the Rules and Procedures of Creative Alternative to Litigation, Inc. (*cal*). If the dispute is not resolved in mediation, then the dispute will be submitted to binding arbitration through ***cal*** under its Rules and Procedures. The parties will equally bear the costs of mediation/arbitration. If, however, the mediator declares that no legitimate dispute exists, then debtor will pay all mediation and arbitration costs, and in the event of arbitration,reasonable attorneys' fees of Dellavalle Laboratory.

Invoicing Information: ***Shipping***
Sampling hrs $ In
Miles $ Out
Consulting

Amt Paid	Rec By	Check #	Date

Signature

Samples recieved in cooler with ice (coolant)
[ ] Yes [ ] No

11/16/23 15:35 23K0904

Shipping Information: Fed Ex ☐ UPS ☐ GSO ☐ Picked-Up ☑ Walk In ☐ DLI Sampler ☐
Ontrac ☐ PMS ☐ USPS ☐ Other ☐ _____

Shipping Container: Ice Chest ☑ None ☐ Box ☐

Refrigerant: Wet Ice: ☑ Blue Ice: ☐ None: ☐

Container(s) Received	1	2	3	4	5	6	7	8	9	10
Plastics:										
100 mL sterile plastic $Na_2S_2O_3$ (Green)										
250 mL unpreserved (White)										
250 mL HNO_3 (Red)										
250 mL H_2SO_4 (Yellow)										
500 mL unpreserved (White)										
500 mL HNO_3 (Red)										
500 mL H_2SO_4 (Yellow)										
1 L unpreserved (White)	1	1								
1 L unpreserved (BOD) (Purple)										
1 L HNO_3 (Red)										
1 L H_2SO_4 (Yellow)										
VOA Vials in sets of 3:										
40 mL VOA, HCl (Blue)										
40 mL VOA, $Na_2S_2O_3$ (Green)										
40 mL VOA, unpreserved (White)										
Glass:										
250 mL AG unpreserved (White)										
250 mL AG H_2SO_4 (Yellow)										
250 mL AG $Na_2S_2O_3$ (Green)										
250 mL AG $Na_2S_2O_3$ + MCAA										
500 mL glass unpreserved (White)										
500 mL AG HCl (Blue)										
1 L AG unpreserved (White)										
1 L AG H_2SO_4 (Yellow)										
1 L AG $Na_2S_2O_3$ (Green)										
1 L AG HCl (Blue)										
Special:										
Cr^{6+} w/Borate/HCO3/CO3										
Cyanide - 500 mL NaOH										
Asbestos - 2 - 1L P wrapped in foil										
500 mL or 1 L **AP** $Na_2S_2O_3$ (Green)										
1 L **AG** or **P** NaOH + ZnAc (Sulfide)										
Chlorite/Bromate 250 mL AG with EDA										
TTHM										
HAA5										
40 mL VOA, $Na_2S_2O_3$ + MCAA										