Annual Report - General Order No. R5-2007-0035
Reporting period 01/01/2023 to 12/31/2023.

DAIRY FACILITY INFORMATION

A. NAME OF DAIRY OR BUSINESS OPERATING THE DAIRY: Frank N. Rocha Dairy

Physical address of dairy:

Number and Street	City	County	Zip Code
23125 E Lone Tree RD	Escalon	San Joaquin	95320

Street and nearest cross street (if no address):

Date facility was originally placed in operation: 01/01/1950

Regional Water Quality Control Board Basin Plan designation: San Joaquin River Basin

County Assessor Parcel Number(s) for dairy facility:

X205-X230-XX02-XXXX X207-X360-XX09-XXXX

B. OPERATORS

Rocha, Frank N

Operator name: Rocha, Frank N

Telephone no.: (209) 838-1297 Landline (209) 652-2918 Cellular

Mailing Address Number and Street	City	State	Zip Code
23125 E Lone Tree RD	Escalon	CA	95320

This operator is responsible for paying permit fees.

Silva, Johnny

Operator name: Silva, Johnny

Telephone no.: Landline (209) 652-4989 Cellular

Mailing Address Number and Street	City	State	Zip Code
23125 E Lone Tree RD	Escalon	CA	95320

C. OWNERS

Rocha, Frank N

Legal owner name:	Rocha, Frank N	Telephone no.:	(209) 838-1297	(209) 652-2918
			Landline	Cellular
23125 E Lone Tree RD	Escalon		CA	95320
Mailing Address Number and Street	City		State	Zip Code

This owner is responsible for paying permit fees.

Silva, Johnny

Legal owner name:	Silva, Johnny	Telephone no.:		(209) 652-4989
			Landline	Cellular
23125 E Lone Tree RD	Escalon		CA	95320
Mailing Address Number and Street	City		State	Zip Code

AVAILABLE NUTRIENTS

A. HERD INFORMATION

	Milk Cows	Dry Cows	Bred Heifers (15-24 mo.)	Heifers (7-14 mo. to breeding)	Calves (4-6 mo.)	Calves (0-3 mo.)
Number open confinement	0	0	1,000	900	600	0
Number under roof	2,100	300	0	0	0	0
Maximum number	2,100	300	1,000	900	600	0
Average number	2,100	300	1,000	900	600	0
Avg live weight (lbs)	1,400	1,450	950	750		

Predominant milk cow breed: Holstein

Average milk production: 75 *pounds per cow per day*

B. MANURE GENERATED

Total manure excreted by the herd: 80,530.00 *tons per reporting period*

Total nitrogen from manure: 986,130.04 *lbs per reporting period*

After ammonia losses (30% loss applied): 690,291.03 *lbs per reporting period*

Total phosphorus from manure: 162,105.07 *lbs per reporting period*

Total potassium from manure: 409,067.88 *lbs per reporting period*

Total salt from manure: 1,057,770.00 *lbs per reporting period*

C. PROCESS WASTEWATER GENERATED

Process wastewater generated: 44,743,945 *gallons*

Total nitrogen generated: 175,775.84 *lbs*

Total phosphorus generated: 25,446.57 *lbs*

Total potassium generated: 313,783.34 *lbs*

Total salt generated: 1,826,526.94 *lbs*

	44,743,945	*gallons applied*
+	0	*gallons exported*
-	0	*gallons imported*
=	44,743,945	*gallons generated*

D. FRESH WATER SOURCES

Source Description	Type
Irrigation Well	Ground water

E. SUBSURFACE (TILE) DRAINAGE SOURCES

No subsurface (tile) drainage sources entered.

F. NUTRIENT IMPORTS

No dry manure nutrient imports entered.

No process wastewater nutrient imports entered.

Date	Material type / Description	Quantity	Reporting basis	Moisture (%)	N (%)	P (%)	K (%)	Salt (%)
03/02/2023	Solid commercial fertilizer *CAN 17*	5.88 *ton*	As-is	0.1	17.000000	0.000000	0.000000	0.000000
04/15/2023	Solid commercial fertilizer *Triple 15*	3.52 *ton*	Dry-weight	0.1	15.000000	15.000000	15.000000	0.000000
04/24/2023	Solid commercial fertilizer *UN32*	5.17 *ton*	As-is	0.1	32.000000	0.000000	0.000000	0.000000
05/23/2023	Solid commercial fertilizer *4-0-0*	77.10 *ton*	Dry-weight	0.1	4.000000	0.000000	0.000000	0.000000

Material type	Total N (lbs)	Total P (lbs)	Total K (lbs)	Total salt (lbs)
Commercial fertilizer / Other	12,524.78	1,054.94	1,054.94	0.00
Dry manure	0.00	0.00	0.00	0.00
Process wastewater	0.00	0.00	0.00	0.00
Total imports for all materials	12,524.78	1,054.94	1,054.94	0.00

G. NUTRIENT EXPORTS

No solid nutrient exports entered.

No liquid nutrient exports entered.

APPLICATION AREA

A. LIST OF LAND APPLICATION AREAS

Field name	Controlled acres	Cropable acres	Total harvests	Type of waste applied	Parcel number
1	35	35	2	both	X207-X360-XX09-XXXX
10	42	42	2	process wastewater	X207-X360-XX09-XXXX
11	118	118	2	process wastewater	X207-X170-X010-XXXX X207-X170-XX17-XXXX
12	77	77	2	process wastewater	X205-X230-XX02-XXXX
14	78	78	2	both	X205-X220-XX02-XXXX
15	74	74	2	both	X205-X220-XX02-XXXX
16	30	30	2	process wastewater	X205-X230-XX02-XXXX
17	62	62	2	both	X205-X230-XX02-XXXX
18	30	30	2	manure	X207-X360-XX04-XXXX
19	18	18	1	manure	X205-X210-XX17-XXXX
2	19	19	2	both	X207-X360-XX09-XXXX
3	10	10	0	none	X207-X360-XX09-XXXX
5	24	24	2	both	X207-X360-XX09-XXXX
6	35	35	2	process wastewater	X207-X360-XX09-XXXX
7	30	30	2	both	X207-X360-XX09-XXXX
8	25	25	2	process wastewater	X207-X360-XX09-XXXX
9	30	30	2	both	X207-X360-XX09-XXXX
D2-1	22	22	1	none	X207-X360-XX02-XXXX
D2-3	62	62	2	manure	X207-X360-XX02-XXXX
D2-4	29	29	1	manure	X207-X170-XX04-XXXX X207-X170-XX05-XXXX
Totals for areas that were used for application	818	818	34		
Totals for areas that were not used for application	32	32	1		
Land application area totals	850	850	35		

B. CROPS AND HARVESTS

1

Field name: 1

1

10/17/2022: Oats, silage-soft dough

Crop: Oats, silage-soft dough Acres planted: 35 Plant date: 10/17/2022

Harvest date	Yield	Reporting basis	Density (lbs/cu ft)	Moisture (%)	N (mg/kg)	P (mg/kg)	K (mg/kg)	Salt (mg/kg)	TFS (%)
04/25/2023	577.29 *ton*	As-is		64.6	2,900.00	700.00	6,170.00		8.14

	Yield (tons/acre)	Total N (lbs/acre)	Total P (lbs/acre)	Total K (lbs/acre)	Salt (lbs/acre)
Anticipated harvest content	17.00	170.00	27.20	141.10	0.00
Total actual harvest content	16.49	95.67	23.09	203.54	950.57

06/05/2023: Corn, silage

Crop: Corn, silage Acres planted: 35 Plant date: 06/05/2023

Harvest date	Yield	Reporting basis	Density (lbs/cu ft)	Moisture (%)	N (mg/kg)	P (mg/kg)	K (mg/kg)	Salt (mg/kg)	TFS (%)
10/01/2023	927.03 *ton*	As-is		72.0	3,110.00	1,020.00	4,870.00		4.40

	Yield (tons/acre)	Total N (lbs/acre)	Total P (lbs/acre)	Total K (lbs/acre)	Salt (lbs/acre)
Anticipated harvest content	30.00	240.00	45.00	198.00	0.00
Total actual harvest content	26.49	164.75	54.03	257.98	652.63

10

Field name: 10

11/02/2022: Oats, silage-soft dough

Crop: Oats, silage-soft dough Acres planted: 42 Plant date: 11/02/2022

Harvest date	Yield	Reporting basis	Density (lbs/cu ft)	Moisture (%)	N (mg/kg)	P (mg/kg)	K (mg/kg)	Salt (mg/kg)	TFS (%)
04/28/2023	630.24 *ton*	As-is		68.4	3,770.00	113.00	7,940.00		8.04

	Yield (tons/acre)	Total N (lbs/acre)	Total P (lbs/acre)	Total K (lbs/acre)	Salt (lbs/acre)
Anticipated harvest content	17.00	170.00	27.20	141.10	0.00
Total actual harvest content	15.01	113.14	3.39	238.29	762.48

10

06/24/2023: Corn, silage

Crop: Corn, silage Acres planted: 42 Plant date: 06/24/2023

Harvest date	Yield	Reporting basis	Density (lbs/cu ft)	Moisture (%)	N (mg/kg)	P (mg/kg)	K (mg/kg)	Salt (mg/kg)	TFS (%)
10/11/2023	992.69 *ton*	As-is		70.0	3,540.00	650.00	4,130.00		5.30

	Yield (tons/acre)	Total N (lbs/acre)	Total P (lbs/acre)	Total K (lbs/acre)	Salt (lbs/acre)
Anticipated harvest content	30.00	240.00	45.00	198.00	0.00
Total actual harvest content	23.64	167.34	30.73	195.23	751.61

11

Field name: 11

10/15/2022: Oats, silage-soft dough

Crop: Oats, silage-soft dough Acres planted: 118 Plant date: 10/15/2022

Harvest date	Yield	Reporting basis	Density (lbs/cu ft)	Moisture (%)	N (mg/kg)	P (mg/kg)	K (mg/kg)	Salt (mg/kg)	TFS (%)
04/28/2023	1,684.90 *ton*	As-is		69.6	5,270.00	114.00	10,900.00		11.40

	Yield (tons/acre)	Total N (lbs/acre)	Total P (lbs/acre)	Total K (lbs/acre)	Salt (lbs/acre)
Anticipated harvest content	17.00	170.00	27.20	141.10	0.00
Total actual harvest content	14.28	150.50	3.26	311.28	989.69

06/01/2023: Corn, silage

Crop: Corn, silage Acres planted: 118 Plant date: 06/01/2023

Harvest date	Yield	Reporting basis	Density (lbs/cu ft)	Moisture (%)	N (mg/kg)	P (mg/kg)	K (mg/kg)	Salt (mg/kg)	TFS (%)
09/15/2023	3,200.69 *ton*	As-is		73.0	3,540.00	500.00	4,180.00		6.30

	Yield (tons/acre)	Total N (lbs/acre)	Total P (lbs/acre)	Total K (lbs/acre)	Salt (lbs/acre)
Anticipated harvest content	30.00	240.00	45.00	198.00	0.00
Total actual harvest content	27.12	192.04	27.12	226.76	922.78

12

Field name: 12

11/03/2022: Oats, silage-soft dough

Crop: Oats, silage-soft dough Acres planted: 77 Plant date: 11/03/2022

Harvest date	Yield	Reporting basis	Density (lbs/cu ft)	Moisture (%)	N (mg/kg)	P (mg/kg)	K (mg/kg)	Salt (mg/kg)	TFS (%)
05/09/2023	1,381.93 *ton*	As-is		65.2	3,760.00	690.00	4,750.00		8.52

	Yield (tons/acre)	Total N (lbs/acre)	Total P (lbs/acre)	Total K (lbs/acre)	Salt (lbs/acre)
Anticipated harvest content	17.00	170.00	27.20	141.10	0.00
Total actual harvest content	17.95	134.96	24.77	170.50	1,064.25

06/26/2023: Corn, silage

Crop: Corn, silage Acres planted: 77 Plant date: 06/26/2023

Harvest date	Yield	Reporting basis	Density (lbs/cu ft)	Moisture (%)	N (mg/kg)	P (mg/kg)	K (mg/kg)	Salt (mg/kg)	TFS (%)
10/11/2023	1,886.50 *ton*	As-is		70.0	3,030.00	540.00	3,990.00		7.40

	Yield (tons/acre)	Total N (lbs/acre)	Total P (lbs/acre)	Total K (lbs/acre)	Salt (lbs/acre)
Anticipated harvest content	30.00	240.00	45.00	198.00	0.00
Total actual harvest content	24.50	148.47	26.46	195.51	1,087.80

14

Field name: 14

10/21/2022: Oats, silage-soft dough

Crop: Oats, silage-soft dough Acres planted: 78 Plant date: 10/21/2022

Harvest date	Yield	Reporting basis	Density (lbs/cu ft)	Moisture (%)	N (mg/kg)	P (mg/kg)	K (mg/kg)	Salt (mg/kg)	TFS (%)
05/04/2023	1,023.64 *ton*	As-is		60.8	3,570.00	114.00	1,170.00		8.43

	Yield (tons/acre)	Total N (lbs/acre)	Total P (lbs/acre)	Total K (lbs/acre)	Salt (lbs/acre)
Anticipated harvest content	17.00	170.00	27.20	141.10	0.00
Total actual harvest content	13.12	93.70	2.99	30.71	867.35

14

06/19/2023: Corn, silage

Crop: Corn, silage Acres planted: 78 Plant date: 06/19/2023

Harvest date	Yield	Reporting basis	Density (lbs/cu ft)	Moisture (%)	N (mg/kg)	P (mg/kg)	K (mg/kg)	Salt (mg/kg)	TFS (%)
10/11/2023	1,640.98 *ton*	As-is		70.0	3,450.00	660.00	4,030.00		5.30

	Yield (tons/acre)	Total N (lbs/acre)	Total P (lbs/acre)	Total K (lbs/acre)	Salt (lbs/acre)
Anticipated harvest content	30.00	240.00	45.00	198.00	0.00
Total actual harvest content	21.04	145.16	27.77	169.57	669.01

15

Field name: 15

10/30/2022: Oats, silage-soft dough

Crop: Oats, silage-soft dough Acres planted: 74 Plant date: 10/30/2022

Harvest date	Yield	Reporting basis	Density (lbs/cu ft)	Moisture (%)	N (mg/kg)	P (mg/kg)	K (mg/kg)	Salt (mg/kg)	TFS (%)
05/04/2023	1,156.95 *ton*	As-is		72.6	5,070.00	126.00	1,730.00		14.00

	Yield (tons/acre)	Total N (lbs/acre)	Total P (lbs/acre)	Total K (lbs/acre)	Salt (lbs/acre)
Anticipated harvest content	17.00	170.00	27.20	141.10	0.00
Total actual harvest content	15.63	158.53	3.94	54.10	1,199.48

06/08/2023: Corn, silage

Crop: Corn, silage Acres planted: 74 Plant date: 06/08/2023

Harvest date	Yield	Reporting basis	Density (lbs/cu ft)	Moisture (%)	N (mg/kg)	P (mg/kg)	K (mg/kg)	Salt (mg/kg)	TFS (%)
10/03/2023	2,092.66 *ton*	As-is		72.2	3,560.00	570.00	4,410.00		7.30

	Yield (tons/acre)	Total N (lbs/acre)	Total P (lbs/acre)	Total K (lbs/acre)	Salt (lbs/acre)
Anticipated harvest content	30.00	240.00	45.00	198.00	0.00
Total actual harvest content	28.28	201.35	32.24	249.42	1,147.80

16

Field name: 16

10/14/2022: Oats, silage-soft dough

Crop: Oats, silage-soft dough Acres planted: 30 Plant date: 10/14/2022

Harvest date	Yield	Reporting basis	Density (lbs/cu ft)	Moisture (%)	N (mg/kg)	P (mg/kg)	K (mg/kg)	Salt (mg/kg)	TFS (%)
04/28/2023	511.18 *ton*	As-is		69.6	3,470.00	910.00	8,400.00		9.48

	Yield (tons/acre)	Total N (lbs/acre)	Total P (lbs/acre)	Total K (lbs/acre)	Salt (lbs/acre)
Anticipated harvest content	17.00	170.00	27.20	141.10	0.00
Total actual harvest content	17.04	118.25	31.01	286.26	982.12

06/13/2023: Corn, silage

Crop: Corn, silage Acres planted: 30 Plant date: 06/13/2023

Harvest date	Yield	Reporting basis	Density (lbs/cu ft)	Moisture (%)	N (mg/kg)	P (mg/kg)	K (mg/kg)	Salt (mg/kg)	TFS (%)
10/05/2023	820.04 *ton*	As-is		70.0	3,240.00	760.00	5,620.00		7.00

	Yield (tons/acre)	Total N (lbs/acre)	Total P (lbs/acre)	Total K (lbs/acre)	Salt (lbs/acre)
Anticipated harvest content	30.00	240.00	45.00	198.00	0.00
Total actual harvest content	27.33	177.13	41.55	307.24	1,148.06

17

Field name: 17

10/14/2022: Oats, silage-soft dough

Crop: Oats, silage-soft dough Acres planted: 62 Plant date: 10/14/2022

Harvest date	Yield	Reporting basis	Density (lbs/cu ft)	Moisture (%)	N (mg/kg)	P (mg/kg)	K (mg/kg)	Salt (mg/kg)	TFS (%)
04/28/2023	950.20 *ton*	As-is		62.4	3,090.00	500.00	3,340.00		8.30

	Yield (tons/acre)	Total N (lbs/acre)	Total P (lbs/acre)	Total K (lbs/acre)	Salt (lbs/acre)
Anticipated harvest content	17.00	170.00	27.20	141.10	0.00
Total actual harvest content	15.33	94.71	15.33	102.38	956.58

17

06/23/2023: Corn, silage

Crop: Corn, silage Acres planted: 62 Plant date: 06/23/2023

Harvest date	Yield	Reporting basis	Density (lbs/cu ft)	Moisture (%)	N (mg/kg)	P (mg/kg)	K (mg/kg)	Salt (mg/kg)	TFS (%)
10/11/2023	1,494.57 *ton*	As-is		70.0	3,060.00	560.00	4,280.00		7.00

	Yield (tons/acre)	Total N (lbs/acre)	Total P (lbs/acre)	Total K (lbs/acre)	Salt (lbs/acre)
Anticipated harvest content	30.00	240.00	45.00	198.00	0.00
Total actual harvest content	24.11	147.53	27.00	206.35	1,012.45

18

Field name: 18

11/04/2022: Oats, silage-soft dough

Crop: Oats, silage-soft dough Acres planted: 30 Plant date: 11/04/2022

Harvest date	Yield	Reporting basis	Density (lbs/cu ft)	Moisture (%)	N (mg/kg)	P (mg/kg)	K (mg/kg)	Salt (mg/kg)	TFS (%)
05/10/2023	450.00 *ton*	As-is		70.0	4,320.00	950.00	5,780.00		9.36

	Yield (tons/acre)	Total N (lbs/acre)	Total P (lbs/acre)	Total K (lbs/acre)	Salt (lbs/acre)
Anticipated harvest content	17.00	170.00	27.20	141.10	0.00
Total actual harvest content	15.00	129.60	28.50	173.40	842.40

06/15/2023: Corn, silage

Crop: Corn, silage Acres planted: 30 Plant date: 06/15/2023

Harvest date	Yield	Reporting basis	Density (lbs/cu ft)	Moisture (%)	N (mg/kg)	P (mg/kg)	K (mg/kg)	Salt (mg/kg)	TFS (%)
10/11/2023	756.35 *ton*	As-is		70.0	3,810.00	840.00	5,560.00		6.40

	Yield (tons/acre)	Total N (lbs/acre)	Total P (lbs/acre)	Total K (lbs/acre)	Salt (lbs/acre)
Anticipated harvest content	30.00	240.00	45.00	198.00	0.00
Total actual harvest content	25.21	192.11	42.36	280.35	968.13

19

Field name: 19

02/10/2011: Almond, in shell

Crop: Almond, in shell Acres planted: 18 Plant date: 02/10/2011

Harvest date	Yield	Reporting basis	Density (lbs/cu ft)	Moisture (%)	N (mg/kg)	P (mg/kg)	K (mg/kg)	Salt (mg/kg)	TFS (%)
09/26/2023	94.70 *ton*	As-is		15.8	16,800.00	1,200.00	25,200.00		9.06

	Yield (tons/acre)	Total N (lbs/acre)	Total P (lbs/acre)	Total K (lbs/acre)	Salt (lbs/acre)
Anticipated harvest content	6.00	258.00	43.80	279.00	0.00
Total actual harvest content	5.26	176.77	12.63	265.16	802.69

2

Field name: 2

10/17/2022: Oats, silage-soft dough

Crop: Oats, silage-soft dough Acres planted: 19 Plant date: 10/17/2022

Harvest date	Yield	Reporting basis	Density (lbs/cu ft)	Moisture (%)	N (mg/kg)	P (mg/kg)	K (mg/kg)	Salt (mg/kg)	TFS (%)
04/25/2023	290.70 *ton*	As-is		69.6	2,950.00	860.00	6,880.00		8.18

	Yield (tons/acre)	Total N (lbs/acre)	Total P (lbs/acre)	Total K (lbs/acre)	Salt (lbs/acre)
Anticipated harvest content	17.00	170.00	27.20	141.10	0.00
Total actual harvest content	15.30	90.27	26.32	210.53	760.94

05/23/2023: Corn, silage

Crop: Corn, silage Acres planted: 19 Plant date: 05/23/2023

Harvest date	Yield	Reporting basis	Density (lbs/cu ft)	Moisture (%)	N (mg/kg)	P (mg/kg)	K (mg/kg)	Salt (mg/kg)	TFS (%)
09/23/2023	438.90 *ton*	As-is		67.6	3,400.00	1,210.00	5,470.00		7.20

	Yield (tons/acre)	Total N (lbs/acre)	Total P (lbs/acre)	Total K (lbs/acre)	Salt (lbs/acre)
Anticipated harvest content	30.00	240.00	45.00	198.00	0.00
Total actual harvest content	23.10	157.08	55.90	252.71	1,077.75

5

Field name: 5

11/01/2022: Oats, silage-soft dough

Crop: Oats, silage-soft dough Acres planted: 24 Plant date: 11/01/2022

Harvest date	Yield	Reporting basis	Density (lbs/cu ft)	Moisture (%)	N (mg/kg)	P (mg/kg)	K (mg/kg)	Salt (mg/kg)	TFS (%)
04/25/2023	343.20 *ton*	As-is		69.0	3,240.00	940.00	5,900.00		7.88

	Yield (tons/acre)	Total N (lbs/acre)	Total P (lbs/acre)	Total K (lbs/acre)	Salt (lbs/acre)
Anticipated harvest content	17.00	170.00	27.20	141.10	0.00
Total actual harvest content	14.30	92.66	26.88	168.74	698.64

06/16/2023: Corn, silage

Crop: Corn, silage Acres planted: 24 Plant date: 06/16/2023

Harvest date	Yield	Reporting basis	Density (lbs/cu ft)	Moisture (%)	N (mg/kg)	P (mg/kg)	K (mg/kg)	Salt (mg/kg)	TFS (%)
10/04/2023	476.14 *ton*	As-is		73.8	3,560.00	730.00	6,440.00		7.80

	Yield (tons/acre)	Total N (lbs/acre)	Total P (lbs/acre)	Total K (lbs/acre)	Salt (lbs/acre)
Anticipated harvest content	30.00	240.00	45.00	198.00	0.00
Total actual harvest content	19.84	141.25	28.97	255.53	810.87

6

Field name: 6

10/18/2022: Oats, silage-soft dough

Crop: Oats, silage-soft dough Acres planted: 35 Plant date: 10/18/2022

Harvest date	Yield	Reporting basis	Density (lbs/cu ft)	Moisture (%)	N (mg/kg)	P (mg/kg)	K (mg/kg)	Salt (mg/kg)	TFS (%)
04/27/2023	489.19 *ton*	As-is		71.6	8,570.00	114.00	9,570.00		11.00

	Yield (tons/acre)	Total N (lbs/acre)	Total P (lbs/acre)	Total K (lbs/acre)	Salt (lbs/acre)
Anticipated harvest content	17.00	170.00	27.20	141.10	0.00
Total actual harvest content	13.98	239.56	3.19	267.52	873.27

6

06/27/2023: Corn, silage

Crop: Corn, silage Acres planted: 35 Plant date: 06/27/2023

Harvest date	Yield	Reporting basis	Density (lbs/cu ft)	Moisture (%)	N (mg/kg)	P (mg/kg)	K (mg/kg)	Salt (mg/kg)	TFS (%)
10/11/2023	1,047.05 *ton*	As-is		70.0	3,030.00	510.00	3,520.00		8.30

	Yield (tons/acre)	Total N (lbs/acre)	Total P (lbs/acre)	Total K (lbs/acre)	Salt (lbs/acre)
Anticipated harvest content	30.00	240.00	45.00	198.00	0.00
Total actual harvest content	29.92	181.29	30.51	210.61	1,489.80

7

Field name: 7

10/18/2022: Oats, silage-soft dough

Crop: Oats, silage-soft dough Acres planted: 30 Plant date: 10/18/2022

Harvest date	Yield	Reporting basis	Density (lbs/cu ft)	Moisture (%)	N (mg/kg)	P (mg/kg)	K (mg/kg)	Salt (mg/kg)	TFS (%)
04/27/2023	422.86 *ton*	As-is		68.6	4,950.00	109.00	8,460.00		11.70

	Yield (tons/acre)	Total N (lbs/acre)	Total P (lbs/acre)	Total K (lbs/acre)	Salt (lbs/acre)
Anticipated harvest content	17.00	170.00	27.20	141.10	0.00
Total actual harvest content	14.10	139.54	3.07	238.49	1,035.67

06/07/2023: Corn, silage

Crop: Corn, silage Acres planted: 30 Plant date: 06/07/2023

Harvest date	Yield	Reporting basis	Density (lbs/cu ft)	Moisture (%)	N (mg/kg)	P (mg/kg)	K (mg/kg)	Salt (mg/kg)	TFS (%)
10/02/2023	927.57 *ton*	As-is		72.0	3,810.00	910.00	5,640.00		7.00

	Yield (tons/acre)	Total N (lbs/acre)	Total P (lbs/acre)	Total K (lbs/acre)	Salt (lbs/acre)
Anticipated harvest content	30.00	240.00	45.00	198.00	0.00
Total actual harvest content	30.92	235.60	56.27	348.77	1,212.02

8

Field name: 8

10/18/2022: Oats, silage-soft dough

Crop: Oats, silage-soft dough Acres planted: 25 Plant date: 10/18/2022

Harvest date	Yield	Reporting basis	Density (lbs/cu ft)	Moisture (%)	N (mg/kg)	P (mg/kg)	K (mg/kg)	Salt (mg/kg)	TFS (%)
04/27/2023	367.88 *ton*	As-is		62.4	5,260.00	141.00	10,800.00		10.90

	Yield (tons/acre)	Total N (lbs/acre)	Total P (lbs/acre)	Total K (lbs/acre)	Salt (lbs/acre)
Anticipated harvest content	17.00	170.00	27.20	141.10	0.00
Total actual harvest content	14.72	154.80	4.15	317.85	1,206.18

06/27/2023: Corn, silage

Crop: Corn, silage Acres planted: 25 Plant date: 06/27/2023

Harvest date	Yield	Reporting basis	Density (lbs/cu ft)	Moisture (%)	N (mg/kg)	P (mg/kg)	K (mg/kg)	Salt (mg/kg)	TFS (%)
10/11/2023	640.00 *ton*	As-is		70.0	2,490.00	480.00	3,180.00		6.00

	Yield (tons/acre)	Total N (lbs/acre)	Total P (lbs/acre)	Total K (lbs/acre)	Salt (lbs/acre)
Anticipated harvest content	30.00	240.00	45.00	198.00	0.00
Total actual harvest content	25.60	127.49	24.58	162.82	921.60

9

Field name: 9

11/02/2022: Oats, silage-soft dough

Crop: Oats, silage-soft dough Acres planted: 30 Plant date: 11/02/2022

Harvest date	Yield	Reporting basis	Density (lbs/cu ft)	Moisture (%)	N (mg/kg)	P (mg/kg)	K (mg/kg)	Salt (mg/kg)	TFS (%)
04/28/2023	447.00 *ton*	As-is		69.0	3,020.00	850.00	7,300.00		8.69

	Yield (tons/acre)	Total N (lbs/acre)	Total P (lbs/acre)	Total K (lbs/acre)	Salt (lbs/acre)
Anticipated harvest content	17.00	170.00	27.20	141.10	0.00
Total actual harvest content	14.90	90.00	25.33	217.54	802.78

9

06/12/2023: Corn, silage

Crop: Corn, silage Acres planted: 30 Plant date: 06/12/2023

Harvest date	Yield	Reporting basis	Density (lbs/cu ft)	Moisture (%)	N (mg/kg)	P (mg/kg)	K (mg/kg)	Salt (mg/kg)	TFS (%)
10/02/2023	564.63 *ton*	As-is		67.2	3,900.00	780.00	5,260.00		8.00

	Yield (tons/acre)	Total N (lbs/acre)	Total P (lbs/acre)	Total K (lbs/acre)	Salt (lbs/acre)
Anticipated harvest content	30.00	240.00	45.00	198.00	0.00
Total actual harvest content	18.82	146.80	29.36	198.00	987.73

D2-1

Field name: D2-1

02/01/2022: Almond, in shell

Crop: Almond, in shell Acres planted: 22 Plant date: 02/01/2022

Harvest date	Yield	Reporting basis	Density (lbs/cu ft)	Moisture (%)	N (mg/kg)	P (mg/kg)	K (mg/kg)	Salt (mg/kg)	TFS (%)
12/31/2023	0.10 *ton*	As-is		0.1	0.00	0.00	0.00		0.00

	Yield (tons/acre)	Total N (lbs/acre)	Total P (lbs/acre)	Total K (lbs/acre)	Salt (lbs/acre)
Anticipated harvest content	6.00	258.00	43.80	279.00	0.00
Total actual harvest content	0.00	0.00	0.00	0.00	0.00

D2-3

Field name: D2-3

D2-3

11/04/2022: Oats, silage-soft dough

Crop: Oats, silage-soft dough Acres planted: 62 Plant date: 11/04/2022

Harvest date	Yield	Reporting basis	Density (lbs/cu ft)	Moisture (%)	N (mg/kg)	P (mg/kg)	K (mg/kg)	Salt (mg/kg)	TFS (%)
05/10/2023	880.40 *ton*	As-is		63.8	4,200.00	104.00	5,710.00		7.13

	Yield (tons/acre)	Total N (lbs/acre)	Total P (lbs/acre)	Total K (lbs/acre)	Salt (lbs/acre)
Anticipated harvest content	17.00	170.00	27.20	141.10	0.00
Total actual harvest content	14.20	119.28	2.95	162.16	733.02

05/23/2023: Corn, silage

Crop: Corn, silage Acres planted: 62 Plant date: 05/23/2023

Harvest date	Yield	Reporting basis	Density (lbs/cu ft)	Moisture (%)	N (mg/kg)	P (mg/kg)	K (mg/kg)	Salt (mg/kg)	TFS (%)
09/23/2023	1,744.29 *ton*	As-is		67.6	3,400.00	1,210.00	5,470.00		7.20

	Yield (tons/acre)	Total N (lbs/acre)	Total P (lbs/acre)	Total K (lbs/acre)	Salt (lbs/acre)
Anticipated harvest content	30.00	240.00	45.00	198.00	0.00
Total actual harvest content	28.13	191.31	68.08	307.78	1,312.61

D2-4

Field name: D2-4

02/10/2011: Almond, in shell

Crop: Almond, in shell Acres planted: 29 Plant date: 02/10/2011

Harvest date	Yield	Reporting basis	Density (lbs/cu ft)	Moisture (%)	N (mg/kg)	P (mg/kg)	K (mg/kg)	Salt (mg/kg)	TFS (%)
09/26/2023	165.30 *ton*	As-is		15.8	16,800.00	1,200.00	25,200.00		9.06

	Yield (tons/acre)	Total N (lbs/acre)	Total P (lbs/acre)	Total K (lbs/acre)	Salt (lbs/acre)
Anticipated harvest content	6.00	258.00	43.80	279.00	0.00
Total actual harvest content	5.70	191.52	13.68	287.28	869.65

NUTRIENT BUDGET

A. LAND APPLICATIONS

1 - 10/17/2022: Oats, silage-soft dough

Field name: 1

Crop: Oats, silage-soft dough Plant date: 10/17/2022

Application date	Application method	Precipitation 24 hours prior	Precipitation during application	Precipitation 24 hours following
10/12/2022	Broadcast/incorporate	No precipitation	No precipitation	No precipitation

Source description	Material type	N (lbs/acre)	P (lbs/acre)	K (lbs/acre)	Salt (lbs/acre)	Amount
Solid Manure	Corral solids	124.49	56.96	326.48	1,714.62	280.00 *ton*
Application event totals		124.49	56.96	326.48	1,714.62	

1 - 06/05/2023: Corn, silage

Field name: 1

Crop: Corn, silage Plant date: 06/05/2023

Application date	Application method	Precipitation 24 hours prior	Precipitation during application	Precipitation 24 hours following
06/05/2023	Sidedress	No precipitation	No precipitation	No precipitation

Source description	Material type	N (lbs/acre)	P (lbs/acre)	K (lbs/acre)	Salt (lbs/acre)	Amount
4-0-0	Solid commercial fertilizer	8.00	0.00	0.00	0.00	
Application event totals		8.00	0.00	0.00	0.00	

Application date	Application method	Precipitation 24 hours prior	Precipitation during application	Precipitation 24 hours following
07/04/2023	Surface (irrigation)	No precipitation	No precipitation	No precipitation

Source description	Material type	N (lbs/acre)	P (lbs/acre)	K (lbs/acre)	Salt (lbs/acre)	Amount
Irrigation Well	Ground water	4.53	0.00	0.00	175.10	2,448,000.00 *gal*
Irrigation Well	Ground water	3.59	0.00	0.00	140.93	1,938,000.00 *gal*
Application event totals		8.12	0.00	0.00	316.03	

1 - 06/05/2023: Corn, silage

Application date	Application method	Precipitation 24 hours prior	Precipitation during application	Precipitation 24 hours following
07/16/2023	Surface (irrigation)	No precipitation	No precipitation	No precipitation

Source description	Material type	N (lbs/acre)	P (lbs/acre)	K (lbs/acre)	Salt (lbs/acre)	Amount
WWS	Process wastewater	158.52	14.42	240.91	1,562.65	1,050,310.00 *gal*
Irrigation Well	Ground water	3.33	0.00	0.00	128.75	1,800,000.00 *gal*
Irrigation Well	Ground water	2.64	0.00	0.00	103.63	1,425,000.00 *gal*
Application event totals		164.49	14.42	240.91	1,795.02	

07/28/2023	Surface (irrigation)	No precipitation	No precipitation	No precipitation

Source description	Material type	N (lbs/acre)	P (lbs/acre)	K (lbs/acre)	Salt (lbs/acre)	Amount
Irrigation Well	Ground water	4.00	0.00	0.00	154.50	2,160,000.00 *gal*
Irrigation Well	Ground water	3.16	0.00	0.00	124.35	1,710,000.00 *gal*
Application event totals		7.16	0.00	0.00	278.85	

08/13/2023	Surface (irrigation)	No precipitation	No precipitation	No precipitation

Source description	Material type	N (lbs/acre)	P (lbs/acre)	K (lbs/acre)	Salt (lbs/acre)	Amount
Irrigation Well	Ground water	4.26	0.00	0.00	164.80	2,304,000.00 *gal*
Irrigation Well	Ground water	3.37	0.00	0.00	132.64	1,824,000.00 *gal*
Application event totals		7.64	0.00	0.00	297.44	

08/21/2023	Surface (irrigation)	No precipitation	No precipitation	No precipitation

Source description	Material type	N (lbs/acre)	P (lbs/acre)	K (lbs/acre)	Salt (lbs/acre)	Amount
Irrigation Well	Ground water	4.13	0.00	0.00	159.65	2,232,000.00 *gal*
Irrigation Well	Ground water	3.27	0.00	0.00	128.50	1,767,000.00 *gal*
Application event totals		7.40	0.00	0.00	288.15	

08/31/2023	Surface (irrigation)	No precipitation	No precipitation	No precipitation

Source description	Material type	N (lbs/acre)	P (lbs/acre)	K (lbs/acre)	Salt (lbs/acre)	Amount
Irrigation Well	Ground water	4.00	0.00	0.00	154.50	2,160,000.00 *gal*
Irrigation Well	Ground water	3.16	0.00	0.00	124.35	1,710,000.00 *gal*
Application event totals		7.16	0.00	0.00	278.85	

1 - 06/05/2023: Corn, silage

Application date	Application method	Precipitation 24 hours prior	Precipitation during application	Precipitation 24 hours following
09/10/2023	Surface (irrigation)	No precipitation	No precipitation	No precipitation

Source description	Material type	N (lbs/acre)	P (lbs/acre)	K (lbs/acre)	Salt (lbs/acre)	Amount
Irrigation Well	Ground water	3.86	0.00	0.00	149.35	2,088,000.00 *gal*
Irrigation Well	Ground water	3.06	0.00	0.00	120.21	1,653,000.00 *gal*
Application event totals		6.92	0.00	0.00	269.56	

10 - 11/02/2022: Oats, silage-soft dough

Field name: 10

Crop: Oats, silage-soft dough Plant date: 11/02/2022

Application date	Application method	Precipitation 24 hours prior	Precipitation during application	Precipitation 24 hours following
02/06/2023	Surface (irrigation)	No precipitation	No precipitation	No precipitation

Source description	Material type	N (lbs/acre)	P (lbs/acre)	K (lbs/acre)	Salt (lbs/acre)	Amount
WWS	Process wastewater	150.64	26.39	197.98	1,328.84	1,353,840.00 *gal*
Application event totals		150.64	26.39	197.98	1,328.84	

10 - 06/24/2023: Corn, silage

Field name: 10

Crop: Corn, silage Plant date: 06/24/2023

Application date	Application method	Precipitation 24 hours prior	Precipitation during application	Precipitation 24 hours following
06/08/2023	Surface (irrigation)	No precipitation	No precipitation	No precipitation

Source description	Material type	N (lbs/acre)	P (lbs/acre)	K (lbs/acre)	Salt (lbs/acre)	Amount
Irrigation Well	Ground water	3.00	0.00	0.00	160.94	3,000,000.00 *gal*
Irrigation Well	Ground water	4.39	0.00	0.00	172.71	2,850,000.00 *gal*
Application event totals		7.40	0.00	0.00	333.65	

10 - 06/24/2023: Corn, silage

Application date	Application method	Precipitation 24 hours prior	Precipitation during application	Precipitation 24 hours following
06/24/2023	Sidedress	No precipitation	No precipitation	No precipitation

Source description	Material type	N (lbs/acre)	P (lbs/acre)	K (lbs/acre)	Salt (lbs/acre)	Amount
4-0-0	Solid commercial fertilizer	8.00	0.00	0.00	0.00	
Application event totals		8.00	0.00	0.00	0.00	

07/22/2023	Surface (irrigation)	No precipitation	No precipitation	No precipitation

Source description	Material type	N (lbs/acre)	P (lbs/acre)	K (lbs/acre)	Salt (lbs/acre)	Amount
Irrigation Well	Ground water	7.91	0.00	0.00	310.88	5,130,000.00 *gal*
Application event totals		7.91	0.00	0.00	310.88	

07/30/2023	Surface (irrigation)	No precipitation	No precipitation	No precipitation

Source description	Material type	N (lbs/acre)	P (lbs/acre)	K (lbs/acre)	Salt (lbs/acre)	Amount
WWS	Process wastewater	175.85	16.00	267.25	1,733.54	1,398,210.00 *gal*
Irrigation Well	Ground water	3.48	0.00	0.00	186.69	3,480,000.00 *gal*
Application event totals		179.34	16.00	267.25	1,920.23	

08/11/2023	Surface (irrigation)	No precipitation	No precipitation	No precipitation

Source description	Material type	N (lbs/acre)	P (lbs/acre)	K (lbs/acre)	Salt (lbs/acre)	Amount
Irrigation Well	Ground water	4.81	0.00	0.00	257.50	4,800,000.00 *gal*
Application event totals		4.81	0.00	0.00	257.50	

08/21/2023	Surface (irrigation)	No precipitation	No precipitation	No precipitation

Source description	Material type	N (lbs/acre)	P (lbs/acre)	K (lbs/acre)	Salt (lbs/acre)	Amount
Irrigation Well	Ground water	4.57	0.00	0.00	244.63	4,560,000.00 *gal*
Application event totals		4.57	0.00	0.00	244.63	

08/31/2023	Pipeline	No precipitation	No precipitation	No precipitation

Source description	Material type	N (lbs/acre)	P (lbs/acre)	K (lbs/acre)	Salt (lbs/acre)	Amount
Irrigation Well	Ground water	4.45	0.00	0.00	238.19	4,440,000.00 *gal*
Application event totals		4.45	0.00	0.00	238.19	

10 - 06/24/2023: Corn, silage

Application date	Application method	Precipitation 24 hours prior	Precipitation during application	Precipitation 24 hours following
09/11/2023	Surface (irrigation)	No precipitation	No precipitation	No precipitation

Source description	Material type	N (lbs/acre)	P (lbs/acre)	K (lbs/acre)	Salt (lbs/acre)	Amount
Irrigation Well	Ground water	4.45	0.00	0.00	238.19	4,440,000.00 *gal*
Application event totals		4.45	0.00	0.00	238.19	

11 - 10/15/2022: Oats, silage-soft dough

Field name: 11

Crop: Oats, silage-soft dough Plant date: 10/15/2022

Application date	Application method	Precipitation 24 hours prior	Precipitation during application	Precipitation 24 hours following
01/02/2023	Surface (irrigation)	No precipitation	No precipitation	No precipitation

Source description	Material type	N (lbs/acre)	P (lbs/acre)	K (lbs/acre)	Salt (lbs/acre)	Amount
WWS	Process wastewater	191.58	33.56	251.79	1,689.99	4,837,410.00 *gal*
Application event totals		191.58	33.56	251.79	1,689.99	

11 - 06/01/2023: Corn, silage

Field name: 11

Crop: Corn, silage Plant date: 06/01/2023

Application date	Application method	Precipitation 24 hours prior	Precipitation during application	Precipitation 24 hours following
05/15/2023	Surface (irrigation)	No precipitation	No precipitation	No precipitation

Source description	Material type	N (lbs/acre)	P (lbs/acre)	K (lbs/acre)	Salt (lbs/acre)	Amount
Irrigation Well	Ground water	3.82	0.00	0.00	150.00	6,954,000.00 *gal*
Irrigation Well	Ground water	5.05	0.00	0.00	186.36	8,784,000.00 *gal*
Application event totals		8.87	0.00	0.00	336.36	

11 - 06/01/2023: Corn, silage

Application date	Application method	Precipitation 24 hours prior	Precipitation during application	Precipitation 24 hours following
06/01/2023	Sidedress	No precipitation	No precipitation	No precipitation

Source description	Material type	N (lbs/acre)	P (lbs/acre)	K (lbs/acre)	Salt (lbs/acre)	Amount
4-0-0	Solid commercial fertilizer	8.00	0.00	0.00	0.00	
Application event totals		8.00	0.00	0.00	0.00	

07/01/2023	Surface (irrigation)	No precipitation	No precipitation	No precipitation

Source description	Material type	N (lbs/acre)	P (lbs/acre)	K (lbs/acre)	Salt (lbs/acre)	Amount
Irrigation Well	Ground water	3.69	0.00	0.00	145.08	6,726,000.00 *gal*
Irrigation Well	Ground water	4.88	0.00	0.00	180.25	8,496,000.00 *gal*
Application event totals		8.58	0.00	0.00	325.33	

07/14/2023	Surface (irrigation)	No precipitation	No precipitation	No precipitation

Source description	Material type	N (lbs/acre)	P (lbs/acre)	K (lbs/acre)	Salt (lbs/acre)	Amount
Irrigation Well	Ground water	3.57	0.00	0.00	140.16	6,498,000.00 *gal*
Irrigation Well	Ground water	3.06	0.00	0.00	128.19	6,840,000.00 *gal*
Application event totals		6.62	0.00	0.00	268.35	

07/26/2023	Surface (irrigation)	No precipitation	No precipitation	No precipitation

Source description	Material type	N (lbs/acre)	P (lbs/acre)	K (lbs/acre)	Salt (lbs/acre)	Amount
WWS	Process wastewater	201.32	18.32	305.96	1,984.60	4,497,216.00 *gal*
Irrigation Well	Ground water	5.87	0.00	0.00	231.04	9,900,000.00 *gal*
Application event totals		207.19	18.32	305.96	2,215.64	

08/10/2023	Surface (irrigation)	No precipitation	No precipitation	No precipitation

Source description	Material type	N (lbs/acre)	P (lbs/acre)	K (lbs/acre)	Salt (lbs/acre)	Amount
Irrigation Well	Ground water	3.00	0.00	0.00	125.94	6,720,000.00 *gal*
Irrigation Well	Ground water	4.64	0.00	0.00	171.09	8,064,000.00 *gal*
Application event totals		7.64	0.00	0.00	297.03	

11 - 06/01/2023: Corn, silage

Application date	Application method	Precipitation 24 hours prior	Precipitation during application	Precipitation 24 hours following
08/24/2023	Surface (irrigation)	No precipitation	No precipitation	No precipitation

Source description	Material type	N (lbs/acre)	P (lbs/acre)	K (lbs/acre)	Salt (lbs/acre)	Amount
Irrigation Well	Ground water	2.95	0.00	0.00	123.69	6,600,000.00 *gal*
Irrigation Well	Ground water	4.55	0.00	0.00	168.03	7,920,000.00 *gal*
Application event totals		7.50	0.00	0.00	291.72	

12 - 11/03/2022: Oats, silage-soft dough

Field name: 12

Crop: Oats, silage-soft dough Plant date: 11/03/2022

Application date	Application method	Precipitation 24 hours prior	Precipitation during application	Precipitation 24 hours following
03/01/2023	Surface (irrigation)	No precipitation	No precipitation	No precipitation

Source description	Material type	N (lbs/acre)	P (lbs/acre)	K (lbs/acre)	Salt (lbs/acre)	Amount
WWS	Process wastewater	176.08	30.85	231.43	1,553.32	2,901,330.00 *gal*
Application event totals		176.08	30.85	231.43	1,553.32	

12 - 06/26/2023: Corn, silage

Field name: 12

Crop: Corn, silage Plant date: 06/26/2023

Application date	Application method	Precipitation 24 hours prior	Precipitation during application	Precipitation 24 hours following
06/07/2023	Surface (irrigation)	No precipitation	No precipitation	No precipitation

Source description	Material type	N (lbs/acre)	P (lbs/acre)	K (lbs/acre)	Salt (lbs/acre)	Amount
Irrigation Well	Ground water	3.04	0.00	0.00	127.52	4,440,000.00 *gal*
Irrigation Well	Ground water	4.69	0.00	0.00	173.23	5,328,000.00 *gal*
Application event totals		7.74	0.00	0.00	300.75	

12 - 06/26/2023: Corn, silage

Application date	Application method	Precipitation 24 hours prior	Precipitation during application	Precipitation 24 hours following
06/26/2023	Sidedress	No precipitation	No precipitation	No precipitation

Source description	Material type	N (lbs/acre)	P (lbs/acre)	K (lbs/acre)	Salt (lbs/acre)	Amount
4-0-0	Solid commercial fertilizer	8.00	0.00	0.00	0.00	
Application event totals		8.00	0.00	0.00	0.00	

07/16/2023	Surface (irrigation)	No precipitation	No precipitation	No precipitation

Source description	Material type	N (lbs/acre)	P (lbs/acre)	K (lbs/acre)	Salt (lbs/acre)	Amount
Irrigation Well	Ground water	6.49	0.00	0.00	272.26	9,480,000.00 *gal*
Application event totals		6.49	0.00	0.00	272.26	

08/01/2023	Surface (irrigation)	No precipitation	No precipitation	No precipitation

Source description	Material type	N (lbs/acre)	P (lbs/acre)	K (lbs/acre)	Salt (lbs/acre)	Amount
WWS	Process wastewater	144.41	11.59	234.26	1,381.52	2,309,307.00 *gal*
Irrigation Well	Ground water	4.44	0.00	0.00	186.10	6,480,000.00 *gal*
Application event totals		148.85	11.59	234.26	1,567.62	

08/14/2023	Surface (irrigation)	No precipitation	No precipitation	No precipitation

Source description	Material type	N (lbs/acre)	P (lbs/acre)	K (lbs/acre)	Salt (lbs/acre)	Amount
Irrigation Well	Ground water	6.04	0.00	0.00	253.31	8,820,000.00 *gal*
Application event totals		6.04	0.00	0.00	253.31	

08/24/2023	Surface (irrigation)	No precipitation	No precipitation	No precipitation

Source description	Material type	N (lbs/acre)	P (lbs/acre)	K (lbs/acre)	Salt (lbs/acre)	Amount
Irrigation Well	Ground water	8.87	0.00	0.00	349.35	9,768,000.00 *gal*
Application event totals		8.87	0.00	0.00	349.35	

09/03/2023	Surface (irrigation)	No precipitation	No precipitation	No precipitation

Source description	Material type	N (lbs/acre)	P (lbs/acre)	K (lbs/acre)	Salt (lbs/acre)	Amount
Irrigation Well	Ground water	5.88	0.00	0.00	246.42	8,580,000.00 *gal*
Application event totals		5.88	0.00	0.00	246.42	

12 - 06/26/2023: Corn, silage

Application date	Application method	Precipitation 24 hours prior	Precipitation during application	Precipitation 24 hours following
09/17/2023	Surface (irrigation)	No precipitation	No precipitation	No precipitation

Source description	Material type	N (lbs/acre)	P (lbs/acre)	K (lbs/acre)	Salt (lbs/acre)	Amount
Irrigation Well	Ground water	5.67	0.00	0.00	237.80	8,280,000.00 *gal*
Application event totals		5.67	0.00	0.00	237.80	

14 - 10/21/2022: Oats, silage-soft dough

Field name: 14

Crop: Oats, silage-soft dough Plant date: 10/21/2022

Application date	Application method	Precipitation 24 hours prior	Precipitation during application	Precipitation 24 hours following
10/12/2022	Broadcast/incorporate	No precipitation	No precipitation	No precipitation

Source description	Material type	N (lbs/acre)	P (lbs/acre)	K (lbs/acre)	Salt (lbs/acre)	Amount
Solid Manure	Corral solids	123.69	56.59	324.39	1,703.63	620.00 *ton*
Application event totals		123.69	56.59	324.39	1,703.63	

14 - 06/19/2023: Corn, silage

Field name: 14

Crop: Corn, silage Plant date: 06/19/2023

Application date	Application method	Precipitation 24 hours prior	Precipitation during application	Precipitation 24 hours following
05/28/2023	Surface (irrigation)	No precipitation	No precipitation	No precipitation

Source description	Material type	N (lbs/acre)	P (lbs/acre)	K (lbs/acre)	Salt (lbs/acre)	Amount
Irrigation Well	Ground water	3.16	0.00	0.00	132.69	4,680,000.00 *gal*
Irrigation Well	Ground water	4.88	0.00	0.00	180.25	5,616,000.00 *gal*
Application event totals		8.05	0.00	0.00	312.94	

14 - 06/19/2023: Corn, silage

Application date	Application method	Precipitation 24 hours prior	Precipitation during application	Precipitation 24 hours following
06/19/2023	Sidedress	No precipitation	No precipitation	No precipitation

Source description	Material type	N (lbs/acre)	P (lbs/acre)	K (lbs/acre)	Salt (lbs/acre)	Amount
4-0-0	Solid commercial fertilizer	8.00	0.00	0.00	0.00	
Application event totals		8.00	0.00	0.00	0.00	

07/24/2023	Surface (irrigation)	No precipitation	No precipitation	No precipitation

Source description	Material type	N (lbs/acre)	P (lbs/acre)	K (lbs/acre)	Salt (lbs/acre)	Amount
Irrigation Well	Ground water	3.60	0.00	0.00	141.36	4,332,000.00 *gal*
Irrigation Well	Ground water	3.08	0.00	0.00	129.28	4,560,000.00 *gal*
Application event totals		6.68	0.00	0.00	270.64	

08/06/2023	Surface (irrigation)	No precipitation	No precipitation	No precipitation

Source description	Material type	N (lbs/acre)	P (lbs/acre)	K (lbs/acre)	Salt (lbs/acre)	Amount
WWS	Process wastewater	142.63	12.98	216.77	1,406.05	2,106,130.00 *gal*
Irrigation Well	Ground water	2.47	0.00	0.00	103.77	3,660,000.00 *gal*
Irrigation Well	Ground water	3.82	0.00	0.00	140.97	4,392,000.00 *gal*
Application event totals		148.93	12.98	216.77	1,650.79	

08/19/2023	Surface (irrigation)	No precipitation	No precipitation	No precipitation

Source description	Material type	N (lbs/acre)	P (lbs/acre)	K (lbs/acre)	Salt (lbs/acre)	Amount
Irrigation Well	Ground water	3.00	0.00	0.00	125.88	4,440,000.00 *gal*
Irrigation Well	Ground water	4.63	0.00	0.00	171.01	5,328,000.00 *gal*
Application event totals		7.64	0.00	0.00	296.89	

08/28/2023	Surface (irrigation)	No precipitation	No precipitation	No precipitation

Source description	Material type	N (lbs/acre)	P (lbs/acre)	K (lbs/acre)	Salt (lbs/acre)	Amount
Irrigation Well	Ground water	2.80	0.00	0.00	117.38	4,140,000.00 *gal*
Irrigation Well	Ground water	4.32	0.00	0.00	159.45	4,968,000.00 *gal*
Application event totals		7.12	0.00	0.00	276.83	

14 - 06/19/2023: Corn, silage

Application date	Application method	Precipitation 24 hours prior	Precipitation during application	Precipitation 24 hours following
09/07/2023	Surface (irrigation)	No precipitation	No precipitation	No precipitation

Source description	Material type	N (lbs/acre)	P (lbs/acre)	K (lbs/acre)	Salt (lbs/acre)	Amount
Irrigation Well	Ground water	2.76	0.00	0.00	115.67	4,080,000.00 *gal*
Irrigation Well	Ground water	4.26	0.00	0.00	157.14	4,896,000.00 *gal*
Application event totals		7.02	0.00	0.00	272.82	

15 - 10/30/2022: Oats, silage-soft dough

Field name: 15

Crop: Oats, silage-soft dough Plant date: 10/30/2022

Application date	Application method	Precipitation 24 hours prior	Precipitation during application	Precipitation 24 hours following
10/03/2022	Surface (irrigation)	No precipitation	No precipitation	No precipitation

Source description	Material type	N (lbs/acre)	P (lbs/acre)	K (lbs/acre)	Salt (lbs/acre)	Amount
WWS	Process wastewater	115.51	16.24	500.82	2,030.37	4,000,990.00 *gal*
Application event totals		115.51	16.24	500.82	2,030.37	

Application date	Application method	Precipitation 24 hours prior	Precipitation during application	Precipitation 24 hours following
02/08/2023	Surface (irrigation)	No precipitation	No precipitation	No precipitation

Source description	Material type	N (lbs/acre)	P (lbs/acre)	K (lbs/acre)	Salt (lbs/acre)	Amount
WWS	Process wastewater	45.73	23.93	197.61	873.73	3,026,526.00 *gal*
Application event totals		45.73	23.93	197.61	873.73	

Application date	Application method	Precipitation 24 hours prior	Precipitation during application	Precipitation 24 hours following
03/23/2023	Surface (irrigation)	No precipitation	No precipitation	No precipitation

Source description	Material type	N (lbs/acre)	P (lbs/acre)	K (lbs/acre)	Salt (lbs/acre)	Amount
WWS	Process wastewater	45.38	23.74	196.06	866.88	3,002,772.00 *gal*
Application event totals		45.38	23.74	196.06	866.88	

15 - 06/08/2023: Corn, silage

Field name: 15

Crop: Corn, silage Plant date: 06/08/2023

15 - 06/08/2023: Corn, silage

Application date	Application method	Precipitation 24 hours prior	Precipitation during application	Precipitation 24 hours following
05/10/2023	Broadcast/incorporate	No precipitation	No precipitation	No precipitation

Source description	Material type	N (lbs/acre)	P (lbs/acre)	K (lbs/acre)	Salt (lbs/acre)	Amount
Solid Manure	Separator solids	220.86	85.62	179.03	2,588.11	900.00 *ton*
Application event totals		220.86	85.62	179.03	2,588.11	

05/21/2023	Surface (irrigation)	No precipitation	No precipitation	No precipitation

Source description	Material type	N (lbs/acre)	P (lbs/acre)	K (lbs/acre)	Salt (lbs/acre)	Amount
Irrigation Well	Ground water	3.21	0.00	0.00	134.48	4,500,000.00 *gal*
Irrigation Well	Ground water	4.95	0.00	0.00	182.69	5,400,000.00 *gal*
Application event totals		8.16	0.00	0.00	317.17	

06/08/2023	Sidedress	No precipitation	No precipitation	No precipitation

Source description	Material type	N (lbs/acre)	P (lbs/acre)	K (lbs/acre)	Salt (lbs/acre)	Amount
4-0-0	Solid commercial fertilizer	8.00	0.00	0.00	0.00	
Application event totals		8.00	0.00	0.00	0.00	

07/09/2023	Surface (irrigation)	No precipitation	No precipitation	No precipitation

Source description	Material type	N (lbs/acre)	P (lbs/acre)	K (lbs/acre)	Salt (lbs/acre)	Amount
Irrigation Well	Ground water	3.59	0.00	0.00	141.16	4,104,000.00 *gal*
Irrigation Well	Ground water	3.08	0.00	0.00	129.10	4,320,000.00 *gal*
Application event totals		6.67	0.00	0.00	270.26	

07/25/2023	Surface (irrigation)	No precipitation	No precipitation	No precipitation

Source description	Material type	N (lbs/acre)	P (lbs/acre)	K (lbs/acre)	Salt (lbs/acre)	Amount
Irrigation Well	Ground water	2.99	0.00	0.00	125.51	4,200,000.00 *gal*
Irrigation Well	Ground water	4.62	0.00	0.00	170.51	5,040,000.00 *gal*
Application event totals		7.61	0.00	0.00	296.02	

15 - 06/08/2023: Corn, silage

Application date	Application method	Precipitation 24 hours prior	Precipitation during application	Precipitation 24 hours following
08/09/2023	Surface (irrigation)	No precipitation	No precipitation	No precipitation

Source description	Material type	N (lbs/acre)	P (lbs/acre)	K (lbs/acre)	Salt (lbs/acre)	Amount
Irrigation Well	Ground water	2.91	0.00	0.00	121.93	4,080,000.00 *gal*
Irrigation Well	Ground water	4.49	0.00	0.00	165.64	4,896,000.00 *gal*
Application event totals		7.40	0.00	0.00	287.56	

Application date	Application method	Precipitation 24 hours prior	Precipitation during application	Precipitation 24 hours following
08/30/2023	Surface (irrigation)	No precipitation	No precipitation	No precipitation

Source description	Material type	N (lbs/acre)	P (lbs/acre)	K (lbs/acre)	Salt (lbs/acre)	Amount
Irrigation Well	Ground water	6.16	0.00	0.00	258.20	8,640,000.00 *gal*
Application event totals		6.16	0.00	0.00	258.20	

Application date	Application method	Precipitation 24 hours prior	Precipitation during application	Precipitation 24 hours following
09/11/2023	Surface (irrigation)	No precipitation	No precipitation	No precipitation

Source description	Material type	N (lbs/acre)	P (lbs/acre)	K (lbs/acre)	Salt (lbs/acre)	Amount
Irrigation Well	Ground water	6.07	0.00	0.00	254.61	8,520,000.00 *gal*
Application event totals		6.07	0.00	0.00	254.61	

16 - 10/14/2022: Oats, silage-soft dough

Field name: 16

Crop: Oats, silage-soft dough

Plant date: 10/14/2022

Application date	Application method	Precipitation 24 hours prior	Precipitation during application	Precipitation 24 hours following
11/15/2022	Surface (irrigation)	No precipitation	No precipitation	No precipitation

Source description	Material type	N (lbs/acre)	P (lbs/acre)	K (lbs/acre)	Salt (lbs/acre)	Amount
WWS	Process wastewater	76.81	10.80	333.05	1,350.21	1,078,660.00 *gal*
Application event totals		76.81	10.80	333.05	1,350.21	

Application date	Application method	Precipitation 24 hours prior	Precipitation during application	Precipitation 24 hours following
01/23/2023	Surface (irrigation)	No precipitation	No precipitation	No precipitation

Source description	Material type	N (lbs/acre)	P (lbs/acre)	K (lbs/acre)	Salt (lbs/acre)	Amount
WWS	Process wastewater	40.38	21.12	174.48	771.45	1,083,330.00 *gal*
Application event totals		40.38	21.12	174.48	771.45	

16 - 10/14/2022: Oats, silage-soft dough

Application date	Application method	Precipitation 24 hours prior	Precipitation during application	Precipitation 24 hours following
03/16/2023	Surface (irrigation)	No precipitation	No precipitation	No precipitation

Source description	Material type	N (lbs/acre)	P (lbs/acre)	K (lbs/acre)	Salt (lbs/acre)	Amount
WWS	Process wastewater	40.52	21.20	175.08	774.10	1,087,050.00 *gal*
Application event totals		40.52	21.20	175.08	774.10	

16 - 06/13/2023: Corn, silage

Field name: 16

Crop: Corn, silage

Plant date: 06/13/2023

Application date	Application method	Precipitation 24 hours prior	Precipitation during application	Precipitation 24 hours following
05/23/2023	Surface (irrigation)	No precipitation	No precipitation	No precipitation

Source description	Material type	N (lbs/acre)	P (lbs/acre)	K (lbs/acre)	Salt (lbs/acre)	Amount
Irrigation Well	Ground water	6.75	0.00	0.00	283.06	3,840,000.00 *gal*
Application event totals		6.75	0.00	0.00	283.06	

06/13/2023	Sidedress	No precipitation	No precipitation	No precipitation

Source description	Material type	N (lbs/acre)	P (lbs/acre)	K (lbs/acre)	Salt (lbs/acre)	Amount
4-0-0	Solid commercial fertilizer	8.00	0.00	0.00	0.00	
Application event totals		8.00	0.00	0.00	0.00	

07/12/2023	Surface (irrigation)	No precipitation	No precipitation	No precipitation

Source description	Material type	N (lbs/acre)	P (lbs/acre)	K (lbs/acre)	Salt (lbs/acre)	Amount
Irrigation Well	Ground water	6.54	0.00	0.00	274.22	3,720,000.00 *gal*
Application event totals		6.54	0.00	0.00	274.22	

07/23/2023	Surface (irrigation)	No precipitation	No precipitation	No precipitation

Source description	Material type	N (lbs/acre)	P (lbs/acre)	K (lbs/acre)	Salt (lbs/acre)	Amount
Irrigation Well	Ground water	6.12	0.00	0.00	256.53	3,480,000.00 *gal*
Application event totals		6.12	0.00	0.00	256.53	

16 - 06/13/2023: Corn, silage

Application date	Application method	Precipitation 24 hours prior	Precipitation during application	Precipitation 24 hours following
08/08/2023	Surface (irrigation)	No precipitation	No precipitation	No precipitation

Source description	Material type	N (lbs/acre)	P (lbs/acre)	K (lbs/acre)	Salt (lbs/acre)	Amount
WWS	Process wastewater	188.27	15.11	305.40	1,801.09	1,172,980.00 *gal*
Irrigation Well	Ground water	3.80	0.00	0.00	159.22	2,160,000.00 *gal*
Application event totals		192.06	15.11	305.40	1,960.31	

Application date	Application method	Precipitation 24 hours prior	Precipitation during application	Precipitation 24 hours following
08/19/2023	Surface (irrigation)	No precipitation	No precipitation	No precipitation

Source description	Material type	N (lbs/acre)	P (lbs/acre)	K (lbs/acre)	Salt (lbs/acre)	Amount
Irrigation Well	Ground water	6.22	0.00	0.00	260.95	3,540,000.00 *gal*
Application event totals		6.22	0.00	0.00	260.95	

Application date	Application method	Precipitation 24 hours prior	Precipitation during application	Precipitation 24 hours following
08/29/2023	Surface (irrigation)	No precipitation	No precipitation	No precipitation

Source description	Material type	N (lbs/acre)	P (lbs/acre)	K (lbs/acre)	Salt (lbs/acre)	Amount
Irrigation Well	Ground water	5.80	0.00	0.00	243.26	3,300,000.00 *gal*
Application event totals		5.80	0.00	0.00	243.26	

Application date	Application method	Precipitation 24 hours prior	Precipitation during application	Precipitation 24 hours following
09/11/2023	Surface (irrigation)	No precipitation	No precipitation	No precipitation

Source description	Material type	N (lbs/acre)	P (lbs/acre)	K (lbs/acre)	Salt (lbs/acre)	Amount
Irrigation Well	Ground water	5.49	0.00	0.00	229.99	3,120,000.00 *gal*
Application event totals		5.49	0.00	0.00	229.99	

17 - 10/14/2022: Oats, silage-soft dough

Field name: 17

Crop: Oats, silage-soft dough

Plant date: 10/14/2022

Application date	Application method	Precipitation 24 hours prior	Precipitation during application	Precipitation 24 hours following
10/12/2022	Broadcast/incorporate	No precipitation	No precipitation	No precipitation

Source description	Material type	N (lbs/acre)	P (lbs/acre)	K (lbs/acre)	Salt (lbs/acre)	Amount
Solid Manure	Corral solids	125.49	57.42	329.12	1,728.45	500.00 *ton*
Application event totals		125.49	57.42	329.12	1,728.45	

17 - 06/23/2023: Corn, silage

Field name: 17

Crop: Corn, silage

Plant date: 06/23/2023

Application date	Application method	Precipitation 24 hours prior	Precipitation during application	Precipitation 24 hours following
06/04/2023	Surface (irrigation)	No precipitation	No precipitation	No precipitation

Source description	Material type	N (lbs/acre)	P (lbs/acre)	K (lbs/acre)	Salt (lbs/acre)	Amount
Irrigation Well	Ground water	3.22	0.00	0.00	134.83	3,780,000.00 *gal*
Irrigation Well	Ground water	4.96	0.00	0.00	183.16	4,536,000.00 *gal*
Application event totals		8.18	0.00	0.00	317.98	

06/23/2023	Sidedress	No precipitation	No precipitation	No precipitation

Source description	Material type	N (lbs/acre)	P (lbs/acre)	K (lbs/acre)	Salt (lbs/acre)	Amount
4-0-0	Solid commercial fertilizer	8.00	0.00	0.00	0.00	
Application event totals		8.00	0.00	0.00	0.00	

07/25/2023	Surface (irrigation)	No precipitation	No precipitation	No precipitation

Source description	Material type	N (lbs/acre)	P (lbs/acre)	K (lbs/acre)	Salt (lbs/acre)	Amount
Irrigation Well	Ground water	6.64	0.00	0.00	278.21	7,800,000.00 *gal*
Application event totals		6.64	0.00	0.00	278.21	

08/09/2023	Surface (irrigation)	No precipitation	No precipitation	No precipitation

Source description	Material type	N (lbs/acre)	P (lbs/acre)	K (lbs/acre)	Salt (lbs/acre)	Amount
WWS	Process wastewater	148.19	11.89	240.40	1,417.72	1,908,174.00 *gal*
Irrigation Well	Ground water	4.34	0.00	0.00	181.91	5,100,000.00 *gal*
Application event totals		152.53	11.89	240.40	1,599.63	

08/20/2023	Surface (irrigation)	No precipitation	No precipitation	No precipitation

Source description	Material type	N (lbs/acre)	P (lbs/acre)	K (lbs/acre)	Salt (lbs/acre)	Amount
Irrigation Well	Ground water	6.53	0.00	0.00	273.93	7,680,000.00 *gal*
Application event totals		6.53	0.00	0.00	273.93	

17 - 06/23/2023: Corn, silage

Application date	Application method	Precipitation 24 hours prior	Precipitation during application	Precipitation 24 hours following
08/28/2023	Surface (irrigation)	No precipitation	No precipitation	No precipitation

Source description	Material type	N (lbs/acre)	P (lbs/acre)	K (lbs/acre)	Salt (lbs/acre)	Amount
Irrigation Well	Ground water	6.23	0.00	0.00	261.09	7,320,000.00 *gal*
Application event totals		6.23	0.00	0.00	261.09	

Application date	Application method	Precipitation 24 hours prior	Precipitation during application	Precipitation 24 hours following
09/09/2023	Surface (irrigation)	No precipitation	No precipitation	No precipitation

Source description	Material type	N (lbs/acre)	P (lbs/acre)	K (lbs/acre)	Salt (lbs/acre)	Amount
Irrigation Well	Ground water	6.18	0.00	0.00	258.95	7,260,000.00 *gal*
Application event totals		6.18	0.00	0.00	258.95	

18 - 11/04/2022: Oats, silage-soft dough

Field name: 18

Crop: Oats, silage-soft dough Plant date: 11/04/2022

Application date	Application method	Precipitation 24 hours prior	Precipitation during application	Precipitation 24 hours following
10/21/2022	Broadcast/incorporate	No precipitation	No precipitation	No precipitation

Source description	Material type	N (lbs/acre)	P (lbs/acre)	K (lbs/acre)	Salt (lbs/acre)	Amount
Solid Manure	Separator solids	168.72	44.82	62.47	1,340.64	240.00 *ton*
Application event totals		168.72	44.82	62.47	1,340.64	

18 - 06/15/2023: Corn, silage

Field name: 18

Crop: Corn, silage Plant date: 06/15/2023

Application date	Application method	Precipitation 24 hours prior	Precipitation during application	Precipitation 24 hours following

18 - 06/15/2023: Corn, silage

Application date	Application method	Precipitation 24 hours prior	Precipitation during application	Precipitation 24 hours following
05/27/2023	Surface (irrigation)	No precipitation	No precipitation	No precipitation

Source description	Material type	N (lbs/acre)	P (lbs/acre)	K (lbs/acre)	Salt (lbs/acre)	Amount
Irrigation Well	Ground water	2.69	0.00	0.00	144.20	1,920,000.00 *gal*
Irrigation Well	Ground water	2.36	0.00	0.00	122.84	1,920,000.00 *gal*
Application event totals		5.05	0.00	0.00	267.04	

Application date	Application method	Precipitation 24 hours prior	Precipitation during application	Precipitation 24 hours following
05/21/2023	Broadcast/incorporate	No precipitation	No precipitation	No precipitation

Source description	Material type	N (lbs/acre)	P (lbs/acre)	K (lbs/acre)	Salt (lbs/acre)	Amount
Solid Manure	Separator solids	217.92	84.48	176.64	2,553.60	360.00 *ton*
Application event totals		217.92	84.48	176.64	2,553.60	

Application date	Application method	Precipitation 24 hours prior	Precipitation during application	Precipitation 24 hours following
06/15/2023	Sidedress	No precipitation	No precipitation	No precipitation

Source description	Material type	N (lbs/acre)	P (lbs/acre)	K (lbs/acre)	Salt (lbs/acre)	Amount
4-0-0	Solid commercial fertilizer	8.00	0.00	0.00	0.00	
Application event totals		8.00	0.00	0.00	0.00	

Application date	Application method	Precipitation 24 hours prior	Precipitation during application	Precipitation 24 hours following
07/14/2023	Surface (irrigation)	No precipitation	No precipitation	No precipitation

Source description	Material type	N (lbs/acre)	P (lbs/acre)	K (lbs/acre)	Salt (lbs/acre)	Amount
Irrigation Well	Ground water	2.52	0.00	0.00	135.19	1,800,000.00 *gal*
Irrigation Well	Ground water	2.21	0.00	0.00	115.16	1,800,000.00 *gal*
Application event totals		4.73	0.00	0.00	250.35	

Application date	Application method	Precipitation 24 hours prior	Precipitation during application	Precipitation 24 hours following
07/24/2023	Surface (irrigation)	No precipitation	No precipitation	No precipitation

Source description	Material type	N (lbs/acre)	P (lbs/acre)	K (lbs/acre)	Salt (lbs/acre)	Amount
Irrigation Well	Ground water	4.64	0.00	0.00	241.84	3,780,000.00 *gal*
Application event totals		4.64	0.00	0.00	241.84	

Application date	Application method	Precipitation 24 hours prior	Precipitation during application	Precipitation 24 hours following
08/05/2023	Surface (irrigation)	No precipitation	No precipitation	No precipitation

Source description	Material type	N (lbs/acre)	P (lbs/acre)	K (lbs/acre)	Salt (lbs/acre)	Amount
Irrigation Well	Ground water	4.56	0.00	0.00	238.00	3,720,000.00 *gal*
Application event totals		4.56	0.00	0.00	238.00	

18 - 06/15/2023: Corn, silage

Application date	Application method	Precipitation 24 hours prior	Precipitation during application	Precipitation 24 hours following
08/15/2023	Surface (irrigation)	No precipitation	No precipitation	No precipitation

Source description	Material type	N (lbs/acre)	P (lbs/acre)	K (lbs/acre)	Salt (lbs/acre)	Amount
Irrigation Well	Ground water	4.42	0.00	0.00	230.32	3,600,000.00 *gal*
Application event totals		4.42	0.00	0.00	230.32	

Application date	Application method	Precipitation 24 hours prior	Precipitation during application	Precipitation 24 hours following
08/25/2023	Surface (irrigation)	No precipitation	No precipitation	No precipitation

Source description	Material type	N (lbs/acre)	P (lbs/acre)	K (lbs/acre)	Salt (lbs/acre)	Amount
Irrigation Well	Ground water	4.49	0.00	0.00	234.16	3,660,000.00 *gal*
Application event totals		4.49	0.00	0.00	234.16	

Application date	Application method	Precipitation 24 hours prior	Precipitation during application	Precipitation 24 hours following
09/13/2023	Surface (irrigation)	No precipitation	No precipitation	No precipitation

Source description	Material type	N (lbs/acre)	P (lbs/acre)	K (lbs/acre)	Salt (lbs/acre)	Amount
Irrigation Well	Ground water	4.42	0.00	0.00	230.32	3,600,000.00 *gal*
Application event totals		4.42	0.00	0.00	230.32	

19 - 02/10/2011: Almond, in shell

Field name: 19

Crop: Almond, in shell

Plant date: 02/10/2011

Application date	Application method	Precipitation 24 hours prior	Precipitation during application	Precipitation 24 hours following
09/30/2022	Surface (irrigation)	No precipitation	No precipitation	No precipitation

Source description	Material type	N (lbs/acre)	P (lbs/acre)	K (lbs/acre)	Salt (lbs/acre)	Amount
Irrigation Well	Ground water	4.22	0.00	0.00	156.18	1,773,000.00 *gal*
Application event totals		4.22	0.00	0.00	156.18	

Application date	Application method	Precipitation 24 hours prior	Precipitation during application	Precipitation 24 hours following
11/02/2022	Broadcast/incorporate	No precipitation	No precipitation	No precipitation

Source description	Material type	N (lbs/acre)	P (lbs/acre)	K (lbs/acre)	Salt (lbs/acre)	Amount
Solid Manure	Corral solids	46.68	21.36	122.43	642.98	54.00 *ton*
Application event totals		46.68	21.36	122.43	642.98	

19 - 02/10/2011: Almond, in shell

Application date	Application method	Precipitation 24 hours prior	Precipitation during application	Precipitation 24 hours following
03/02/2023	Sidedress	No precipitation	No precipitation	No precipitation

Source description	Material type	N (lbs/acre)	P (lbs/acre)	K (lbs/acre)	Salt (lbs/acre)	Amount
CAN 17	Solid commercial fertilizer	42.50	0.00	0.00	0.00	
Application event totals		42.50	0.00	0.00	0.00	

04/24/2023	Surface (irrigation)	No precipitation	No precipitation	No precipitation

Source description	Material type	N (lbs/acre)	P (lbs/acre)	K (lbs/acre)	Salt (lbs/acre)	Amount
UN32	Solid commercial fertilizer	35.20	0.00	0.00	0.00	
Irrigation Well	Ground water	6.43	0.00	0.00	237.21	1,705,500.00 *gal*
Application event totals		41.63	0.00	0.00	237.21	

05/15/2023	Surface (irrigation)	No precipitation	No precipitation	No precipitation

Source description	Material type	N (lbs/acre)	P (lbs/acre)	K (lbs/acre)	Salt (lbs/acre)	Amount
Irrigation Well	Ground water	6.43	0.00	0.00	237.21	1,705,500.00 *gal*
Application event totals		6.43	0.00	0.00	237.21	

05/30/2023	Surface (irrigation)	No precipitation	No precipitation	No precipitation

Source description	Material type	N (lbs/acre)	P (lbs/acre)	K (lbs/acre)	Salt (lbs/acre)	Amount
UN32	Solid commercial fertilizer	35.20	0.00	0.00	0.00	
Irrigation Well	Ground water	6.68	0.00	0.00	246.59	1,773,000.00 *gal*
Application event totals		41.88	0.00	0.00	246.59	

06/14/2023	Surface (irrigation)	No precipitation	No precipitation	No precipitation

Source description	Material type	N (lbs/acre)	P (lbs/acre)	K (lbs/acre)	Salt (lbs/acre)	Amount
Irrigation Well	Ground water	6.68	0.00	0.00	246.59	1,773,000.00 *gal*
Application event totals		6.68	0.00	0.00	246.59	

06/29/2023	Surface (irrigation)	No precipitation	No precipitation	No precipitation

Source description	Material type	N (lbs/acre)	P (lbs/acre)	K (lbs/acre)	Salt (lbs/acre)	Amount
Irrigation Well	Ground water	6.68	0.00	0.00	246.59	1,773,000.00 *gal*
Application event totals		6.68	0.00	0.00	246.59	

19 - 02/10/2011: Almond, in shell

Application date	Application method	Precipitation 24 hours prior	Precipitation during application	Precipitation 24 hours following
07/14/2023	Surface (irrigation)	No precipitation	No precipitation	No precipitation

Source description	Material type	N (lbs/acre)	P (lbs/acre)	K (lbs/acre)	Salt (lbs/acre)	Amount
Irrigation Well	Ground water	6.68	0.00	0.00	246.59	1,773,000.00 *gal*
Application event totals		6.68	0.00	0.00	246.59	

07/29/2023	Surface (irrigation)	No precipitation	No precipitation	No precipitation

Source description	Material type	N (lbs/acre)	P (lbs/acre)	K (lbs/acre)	Salt (lbs/acre)	Amount
Irrigation Well	Ground water	6.68	0.00	0.00	246.59	1,773,000.00 *gal*
Application event totals		6.68	0.00	0.00	246.59	

08/13/2023	Surface (irrigation)	No precipitation	No precipitation	No precipitation

Source description	Material type	N (lbs/acre)	P (lbs/acre)	K (lbs/acre)	Salt (lbs/acre)	Amount
Irrigation Well	Ground water	6.68	0.00	0.00	246.59	1,773,000.00 *gal*
Application event totals		6.68	0.00	0.00	246.59	

08/28/2023	Surface (irrigation)	No precipitation	No precipitation	No precipitation

Source description	Material type	N (lbs/acre)	P (lbs/acre)	K (lbs/acre)	Salt (lbs/acre)	Amount
Irrigation Well	Ground water	6.68	0.00	0.00	246.59	1,773,000.00 *gal*
Application event totals		6.68	0.00	0.00	246.59	

09/12/2023	Surface (irrigation)	No precipitation	No precipitation	No precipitation

Source description	Material type	N (lbs/acre)	P (lbs/acre)	K (lbs/acre)	Salt (lbs/acre)	Amount
Irrigation Well	Ground water	6.68	0.00	0.00	246.59	1,773,000.00 *gal*
Application event totals		6.68	0.00	0.00	246.59	

2 - 10/17/2022: Oats, silage-soft dough

Field name: 2

Crop: Oats, silage-soft dough

Plant date: 10/17/2022

Application date	Application method	Precipitation 24 hours prior	Precipitation during application	Precipitation 24 hours following

2 - 10/17/2022: Oats, silage-soft dough

Application date	Application method	Precipitation 24 hours prior	Precipitation during application	Precipitation 24 hours following
10/12/2022	Broadcast/incorporate	No precipitation	No precipitation	No precipitation

Source description	Material type	N (lbs/acre)	P (lbs/acre)	K (lbs/acre)	Salt (lbs/acre)	Amount
Solid Manure	Corral solids	122.85	56.21	322.19	1,692.06	150.00 *ton*
Application event totals		122.85	56.21	322.19	1,692.06	

2 - 05/23/2023: Corn, silage

Field name: 2

Crop: Corn, silage

Plant date: 05/23/2023

Application date	Application method	Precipitation 24 hours prior	Precipitation during application	Precipitation 24 hours following
05/04/2023	Surface (irrigation)	No precipitation	No precipitation	No precipitation

Source description	Material type	N (lbs/acre)	P (lbs/acre)	K (lbs/acre)	Salt (lbs/acre)	Amount
WWS	Process wastewater	156.04	17.61	255.64	1,345.73	549,100.00 *gal*
Irrigation Well	Ground water	2.33	0.00	0.00	91.63	684,000.00 *gal*
Irrigation Well	Ground water	2.94	0.00	0.00	113.84	864,000.00 *gal*
Application event totals		161.31	17.61	255.64	1,551.20	

05/23/2023	Sidedress	No precipitation	No precipitation	No precipitation

Source description	Material type	N (lbs/acre)	P (lbs/acre)	K (lbs/acre)	Salt (lbs/acre)	Amount
4-0-0	Solid commercial fertilizer	8.00	0.00	0.00	0.00	
Application event totals		8.00	0.00	0.00	0.00	

06/28/2023	Surface (irrigation)	No precipitation	No precipitation	No precipitation

Source description	Material type	N (lbs/acre)	P (lbs/acre)	K (lbs/acre)	Salt (lbs/acre)	Amount
Irrigation Well	Ground water	4.17	0.00	0.00	161.28	1,224,000.00 *gal*
Irrigation Well	Ground water	3.30	0.00	0.00	129.81	969,000.00 *gal*
Application event totals		7.47	0.00	0.00	291.08	

2 - 05/23/2023: Corn, silage

Application date	Application method	Precipitation 24 hours prior	Precipitation during application	Precipitation 24 hours following
07/10/2023	Surface (irrigation)	No precipitation	No precipitation	No precipitation

Source description	Material type	N (lbs/acre)	P (lbs/acre)	K (lbs/acre)	Salt (lbs/acre)	Amount
Irrigation Well	Ground water	7.19	0.00	0.00	282.52	2,109,000.00 *gal*
Application event totals		7.19	0.00	0.00	282.52	

07/21/2023	Surface (irrigation)	No precipitation	No precipitation	No precipitation

Source description	Material type	N (lbs/acre)	P (lbs/acre)	K (lbs/acre)	Salt (lbs/acre)	Amount
Irrigation Well	Ground water	3.93	0.00	0.00	151.79	1,152,000.00 *gal*
Irrigation Well	Ground water	3.11	0.00	0.00	122.17	912,000.00 *gal*
Application event totals		7.03	0.00	0.00	273.96	

08/03/2023	Surface (irrigation)	No precipitation	No precipitation	No precipitation

Source description	Material type	N (lbs/acre)	P (lbs/acre)	K (lbs/acre)	Salt (lbs/acre)	Amount
Irrigation Well	Ground water	3.93	0.00	0.00	151.79	1,152,000.00 *gal*
Irrigation Well	Ground water	3.11	0.00	0.00	122.17	912,000.00 *gal*
Application event totals		7.03	0.00	0.00	273.96	

08/12/2023	Surface (irrigation)	No precipitation	No precipitation	No precipitation

Source description	Material type	N (lbs/acre)	P (lbs/acre)	K (lbs/acre)	Salt (lbs/acre)	Amount
Irrigation Well	Ground water	3.93	0.00	0.00	151.79	1,152,000.00 *gal*
Irrigation Well	Ground water	3.11	0.00	0.00	122.17	912,000.00 *gal*
Application event totals		7.03	0.00	0.00	273.96	

08/20/2023	Pipeline	No precipitation	No precipitation	No precipitation

Source description	Material type	N (lbs/acre)	P (lbs/acre)	K (lbs/acre)	Salt (lbs/acre)	Amount
Irrigation Well	Ground water	3.68	0.00	0.00	142.30	1,080,000.00 *gal*
Irrigation Well	Ground water	2.91	0.00	0.00	114.54	855,000.00 *gal*
Application event totals		6.60	0.00	0.00	256.84	

5 - 11/01/2022: Oats, silage-soft dough

5 - 11/01/2022: Oats, silage-soft dough

Field name: 5

Crop: Oats, silage-soft dough

Plant date: 11/01/2022

Application date	Application method	Precipitation 24 hours prior	Precipitation during application	Precipitation 24 hours following
10/12/2022	Broadcast/incorporate	No precipitation	No precipitation	No precipitation

Source description	Material type	N (lbs/acre)	P (lbs/acre)	K (lbs/acre)	Salt (lbs/acre)	Amount
Solid Manure	Corral solids	123.19	56.37	323.08	1,696.76	190.00 *ton*
Application event totals		123.19	56.37	323.08	1,696.76	

5 - 06/16/2023: Corn, silage

Field name: 5

Crop: Corn, silage

Plant date: 06/16/2023

Application date	Application method	Precipitation 24 hours prior	Precipitation during application	Precipitation 24 hours following
06/06/2023	Surface (irrigation)	No precipitation	No precipitation	No precipitation

Source description	Material type	N (lbs/acre)	P (lbs/acre)	K (lbs/acre)	Salt (lbs/acre)	Amount
Irrigation Well	Ground water	2.73	0.00	0.00	146.45	1,560,000.00 *gal*
Irrigation Well	Ground water	4.00	0.00	0.00	157.17	1,482,000.00 *gal*
Application event totals		6.73	0.00	0.00	303.62	

Application date	Application method	Precipitation 24 hours prior	Precipitation during application	Precipitation 24 hours following
06/16/2023	Sidedress	No precipitation	No precipitation	No precipitation

Source description	Material type	N (lbs/acre)	P (lbs/acre)	K (lbs/acre)	Salt (lbs/acre)	Amount
4-0-0	Solid commercial fertilizer	8.00	0.00	0.00	0.00	
Application event totals		8.00	0.00	0.00	0.00	

Application date	Application method	Precipitation 24 hours prior	Precipitation during application	Precipitation 24 hours following
07/13/2023	Surface (irrigation)	No precipitation	No precipitation	No precipitation

Source description	Material type	N (lbs/acre)	P (lbs/acre)	K (lbs/acre)	Salt (lbs/acre)	Amount
Irrigation Well	Ground water	4.63	0.00	0.00	247.85	2,640,000.00 *gal*
Application event totals		4.63	0.00	0.00	247.85	

5 - 06/16/2023: Corn, silage

Application date	Application method	Precipitation 24 hours prior	Precipitation during application	Precipitation 24 hours following
07/24/2023	Surface (irrigation)	No precipitation	No precipitation	No precipitation

Source description	Material type	N (lbs/acre)	P (lbs/acre)	K (lbs/acre)	Salt (lbs/acre)	Amount
WWS	Process wastewater	143.41	13.05	217.94	1,413.67	651,550.00 *gal*
Irrigation Well	Ground water	3.68	0.00	0.00	197.15	2,100,000.00 *gal*
Application event totals		147.09	13.05	217.94	1,610.82	

Application date	Application method	Precipitation 24 hours prior	Precipitation during application	Precipitation 24 hours following
08/03/2023	Surface (irrigation)	No precipitation	No precipitation	No precipitation

Source description	Material type	N (lbs/acre)	P (lbs/acre)	K (lbs/acre)	Salt (lbs/acre)	Amount
Irrigation Well	Ground water	4.84	0.00	0.00	259.11	2,760,000.00 *gal*
Application event totals		4.84	0.00	0.00	259.11	

Application date	Application method	Precipitation 24 hours prior	Precipitation during application	Precipitation 24 hours following
08/13/2023	Surface (irrigation)	No precipitation	No precipitation	No precipitation

Source description	Material type	N (lbs/acre)	P (lbs/acre)	K (lbs/acre)	Salt (lbs/acre)	Amount
Irrigation Well	Ground water	4.52	0.00	0.00	242.21	2,580,000.00 *gal*
Application event totals		4.52	0.00	0.00	242.21	

Application date	Application method	Precipitation 24 hours prior	Precipitation during application	Precipitation 24 hours following
08/24/2023	Surface (irrigation)	No precipitation	No precipitation	No precipitation

Source description	Material type	N (lbs/acre)	P (lbs/acre)	K (lbs/acre)	Salt (lbs/acre)	Amount
Irrigation Well	Ground water	4.42	0.00	0.00	236.58	2,520,000.00 *gal*
Application event totals		4.42	0.00	0.00	236.58	

Application date	Application method	Precipitation 24 hours prior	Precipitation during application	Precipitation 24 hours following
09/05/2023	Surface (irrigation)	No precipitation	No precipitation	No precipitation

Source description	Material type	N (lbs/acre)	P (lbs/acre)	K (lbs/acre)	Salt (lbs/acre)	Amount
Irrigation Well	Ground water	4.21	0.00	0.00	225.32	2,400,000.00 *gal*
Application event totals		4.21	0.00	0.00	225.32	

6 - 10/18/2022: Oats, silage-soft dough

Field name: 6

Crop: Oats, silage-soft dough

Plant date: 10/18/2022

Application date	Application method	Precipitation 24 hours prior	Precipitation during application	Precipitation 24 hours following

6 - 10/18/2022: Oats, silage-soft dough

Application date	Application method	Precipitation 24 hours prior	Precipitation during application	Precipitation 24 hours following
02/01/2023	Surface (irrigation)	No precipitation	No precipitation	No precipitation

Source description	Material type	N (lbs/acre)	P (lbs/acre)	K (lbs/acre)	Salt (lbs/acre)	Amount
WWS	Process wastewater	231.56	40.56	304.34	2,042.69	1,734,270.00 *gal*
Application event totals		231.56	40.56	304.34	2,042.69	

6 - 06/27/2023: Corn, silage

Field name: 6

Crop: Corn, silage

Plant date: 06/27/2023

Application date	Application method	Precipitation 24 hours prior	Precipitation during application	Precipitation 24 hours following
06/13/2023	Surface (irrigation)	No precipitation	No precipitation	No precipitation

Source description	Material type	N (lbs/acre)	P (lbs/acre)	K (lbs/acre)	Salt (lbs/acre)	Amount
Irrigation Well	Ground water	4.11	0.00	0.00	161.66	2,223,000.00 *gal*
Irrigation Well	Ground water	3.53	0.00	0.00	147.85	2,340,000.00 *gal*
Application event totals		7.64	0.00	0.00	309.51	

06/27/2023	Sidedress	No precipitation	No precipitation	No precipitation

Source description	Material type	N (lbs/acre)	P (lbs/acre)	K (lbs/acre)	Salt (lbs/acre)	Amount
4-0-0	Solid commercial fertilizer	8.00	0.00	0.00	0.00	
Application event totals		8.00	0.00	0.00	0.00	

07/31/2023	Pipeline	No precipitation	No precipitation	No precipitation

Source description	Material type	N (lbs/acre)	P (lbs/acre)	K (lbs/acre)	Salt (lbs/acre)	Amount
Irrigation Well	Ground water	4.66	0.00	0.00	180.25	2,520,000.00 *gal*
Irrigation Well	Ground water	3.69	0.00	0.00	145.08	1,995,000.00 *gal*
Application event totals		8.35	0.00	0.00	325.33	

6 - 06/27/2023: Corn, silage

Application date	Application method	Precipitation 24 hours prior	Precipitation during application	Precipitation 24 hours following
08/09/2023	Surface (irrigation)	No precipitation	No precipitation	No precipitation

Source description	Material type	N (lbs/acre)	P (lbs/acre)	K (lbs/acre)	Salt (lbs/acre)	Amount
Irrigation Well	Ground water	4.53	0.00	0.00	175.10	2,448,000.00 *gal*
Irrigation Well	Ground water	3.59	0.00	0.00	140.93	1,938,000.00 *gal*
Application event totals		8.12	0.00	0.00	316.03	

Application date	Application method	Precipitation 24 hours prior	Precipitation during application	Precipitation 24 hours following
08/18/2023	Surface (irrigation)	No precipitation	No precipitation	No precipitation

Source description	Material type	N (lbs/acre)	P (lbs/acre)	K (lbs/acre)	Salt (lbs/acre)	Amount
WWS	Process wastewater	184.60	16.80	280.54	1,819.74	1,223,110.00 *gal*
Irrigation Well	Ground water	3.20	0.00	0.00	123.60	1,728,000.00 *gal*
Irrigation Well	Ground water	2.53	0.00	0.00	99.48	1,368,000.00 *gal*
Application event totals		190.33	16.80	280.54	2,042.82	

Application date	Application method	Precipitation 24 hours prior	Precipitation during application	Precipitation 24 hours following
08/31/2023	Surface (irrigation)	No precipitation	No precipitation	No precipitation

Source description	Material type	N (lbs/acre)	P (lbs/acre)	K (lbs/acre)	Salt (lbs/acre)	Amount
Irrigation Well	Ground water	4.53	0.00	0.00	175.10	2,448,000.00 *gal*
Irrigation Well	Ground water	3.59	0.00	0.00	140.93	1,938,000.00 *gal*
Application event totals		8.12	0.00	0.00	316.03	

Application date	Application method	Precipitation 24 hours prior	Precipitation during application	Precipitation 24 hours following
09/12/2023	Surface (irrigation)	No precipitation	No precipitation	No precipitation

Source description	Material type	N (lbs/acre)	P (lbs/acre)	K (lbs/acre)	Salt (lbs/acre)	Amount
Irrigation Well	Ground water	4.40	0.00	0.00	169.95	2,376,000.00 *gal*
Irrigation Well	Ground water	3.48	0.00	0.00	136.79	1,881,000.00 *gal*
Application event totals		7.88	0.00	0.00	306.74	

7 - 10/18/2022: Oats, silage-soft dough

Field name: 7

Crop: Oats, silage-soft dough

Plant date: 10/18/2022

Application date	Application method	Precipitation 24 hours prior	Precipitation during application	Precipitation 24 hours following

7 - 10/18/2022: Oats, silage-soft dough

Application date	Application method	Precipitation 24 hours prior	Precipitation during application	Precipitation 24 hours following
01/28/2023	Surface (irrigation)	No precipitation	No precipitation	No precipitation

Source description	Material type	N (lbs/acre)	P (lbs/acre)	K (lbs/acre)	Salt (lbs/acre)	Amount
WWS	Process wastewater	187.13	32.78	245.94	1,650.76	1,201,300.00 *gal*
Application event totals		187.13	32.78	245.94	1,650.76	

7 - 06/07/2023: Corn, silage

Field name: 7

Crop: Corn, silage

Plant date: 06/07/2023

Application date	Application method	Precipitation 24 hours prior	Precipitation during application	Precipitation 24 hours following
05/12/2023	Broadcast/incorporate	No precipitation	No precipitation	No precipitation

Source description	Material type	N (lbs/acre)	P (lbs/acre)	K (lbs/acre)	Salt (lbs/acre)	Amount
Solid Manure	Separator solids	217.92	84.48	176.64	2,553.60	360.00 *ton*
Application event totals		217.92	84.48	176.64	2,553.60	

05/18/2023	Surface (irrigation)	No precipitation	No precipitation	No precipitation

Source description	Material type	N (lbs/acre)	P (lbs/acre)	K (lbs/acre)	Salt (lbs/acre)	Amount
Irrigation Well	Ground water	8.61	0.00	0.00	338.51	3,990,000.00 *gal*
Application event totals		8.61	0.00	0.00	338.51	

06/07/2023	Sidedress	No precipitation	No precipitation	No precipitation

Source description	Material type	N (lbs/acre)	P (lbs/acre)	K (lbs/acre)	Salt (lbs/acre)	Amount
4-0-0	Solid commercial fertilizer	8.00	0.00	0.00	0.00	
Application event totals		8.00	0.00	0.00	0.00	

07/07/2023	Surface (irrigation)	No precipitation	No precipitation	No precipitation

Source description	Material type	N (lbs/acre)	P (lbs/acre)	K (lbs/acre)	Salt (lbs/acre)	Amount
Irrigation Well	Ground water	3.69	0.00	0.00	145.08	1,710,000.00 *gal*
Irrigation Well	Ground water	4.88	0.00	0.00	180.25	2,160,000.00 *gal*
Application event totals		8.58	0.00	0.00	325.33	

7 - 06/07/2023: Corn, silage

Application date	Application method	Precipitation 24 hours prior	Precipitation during application	Precipitation 24 hours following
07/18/2023	Surface (irrigation)	No precipitation	No precipitation	No precipitation

Source description	Material type	N (lbs/acre)	P (lbs/acre)	K (lbs/acre)	Salt (lbs/acre)	Amount
Irrigation Well	Ground water	3.57	0.00	0.00	140.24	1,653,000.00 *gal*
Irrigation Well	Ground water	3.06	0.00	0.00	128.26	1,740,000.00 *gal*
Application event totals		6.63	0.00	0.00	268.50	

Application date	Application method	Precipitation 24 hours prior	Precipitation during application	Precipitation 24 hours following
08/04/2023	Surface (irrigation)	No precipitation	No precipitation	No precipitation

Source description	Material type	N (lbs/acre)	P (lbs/acre)	K (lbs/acre)	Salt (lbs/acre)	Amount
Irrigation Well	Ground water	4.51	0.00	0.00	174.24	2,088,000.00 *gal*
Irrigation Well	Ground water	3.57	0.00	0.00	140.24	1,653,000.00 *gal*
Application event totals		8.08	0.00	0.00	314.49	

Application date	Application method	Precipitation 24 hours prior	Precipitation during application	Precipitation 24 hours following
08/16/2023	Surface (irrigation)	No precipitation	No precipitation	No precipitation

Source description	Material type	N (lbs/acre)	P (lbs/acre)	K (lbs/acre)	Salt (lbs/acre)	Amount
Irrigation Well	Ground water	4.35	0.00	0.00	168.24	2,016,000.00 *gal*
Irrigation Well	Ground water	3.45	0.00	0.00	135.41	1,596,000.00 *gal*
Application event totals		7.80	0.00	0.00	303.64	

Application date	Application method	Precipitation 24 hours prior	Precipitation during application	Precipitation 24 hours following
08/23/2023	Surface (irrigation)	No precipitation	No precipitation	No precipitation

Source description	Material type	N (lbs/acre)	P (lbs/acre)	K (lbs/acre)	Salt (lbs/acre)	Amount
Irrigation Well	Ground water	4.35	0.00	0.00	168.24	2,016,000.00 *gal*
Irrigation Well	Ground water	3.45	0.00	0.00	135.41	1,596,000.00 *gal*
Application event totals		7.80	0.00	0.00	303.64	

8 - 10/18/2022: Oats, silage-soft dough

Field name: 8

Crop: Oats, silage-soft dough

Plant date: 10/18/2022

Application date	Application method	Precipitation 24 hours prior	Precipitation during application	Precipitation 24 hours following

8 - 10/18/2022: Oats, silage-soft dough

Application date	Application method	Precipitation 24 hours prior	Precipitation during application	Precipitation 24 hours following
02/03/2023	Surface (irrigation)	No precipitation	No precipitation	No precipitation

Source description	Material type	N (lbs/acre)	P (lbs/acre)	K (lbs/acre)	Salt (lbs/acre)	Amount
WWS	Process wastewater	205.89	36.07	270.60	1,816.24	1,101,440.00 *gal*
Application event totals		205.89	36.07	270.60	1,816.24	

8 - 06/27/2023: Corn, silage

Field name: 8

Crop: Corn, silage

Plant date: 06/27/2023

Application date	Application method	Precipitation 24 hours prior	Precipitation during application	Precipitation 24 hours following
06/12/2023	Surface (irrigation)	No precipitation	No precipitation	No precipitation

Source description	Material type	N (lbs/acre)	P (lbs/acre)	K (lbs/acre)	Salt (lbs/acre)	Amount
Irrigation Well	Ground water	3.84	0.00	0.00	150.88	1,482,000.00 *gal*
Irrigation Well	Ground water	5.08	0.00	0.00	187.46	1,872,000.00 *gal*
Application event totals		8.92	0.00	0.00	338.34	

06/27/2023	Sidedress	No precipitation	No precipitation	No precipitation

Source description	Material type	N (lbs/acre)	P (lbs/acre)	K (lbs/acre)	Salt (lbs/acre)	Amount
4-0-0	Solid commercial fertilizer	8.00	0.00	0.00	0.00	
Application event totals		8.00	0.00	0.00	0.00	

07/29/2023	Surface (irrigation)	No precipitation	No precipitation	No precipitation

Source description	Material type	N (lbs/acre)	P (lbs/acre)	K (lbs/acre)	Salt (lbs/acre)	Amount
Irrigation Well	Ground water	4.66	0.00	0.00	180.25	1,800,000.00 *gal*
Irrigation Well	Ground water	3.69	0.00	0.00	145.08	1,425,000.00 *gal*
Application event totals		8.35	0.00	0.00	325.33	

8 - 06/27/2023: Corn, silage

Application date	Application method	Precipitation 24 hours prior	Precipitation during application	Precipitation 24 hours following
08/07/2023	Surface (irrigation)	No precipitation	No precipitation	No precipitation

Source description	Material type	N (lbs/acre)	P (lbs/acre)	K (lbs/acre)	Salt (lbs/acre)	Amount
Irrigation Well	Ground water	4.66	0.00	0.00	180.25	1,800,000.00 *gal*
Irrigation Well	Ground water	3.69	0.00	0.00	145.08	1,425,000.00 *gal*
Application event totals		8.35	0.00	0.00	325.33	

Application date	Application method	Precipitation 24 hours prior	Precipitation during application	Precipitation 24 hours following
08/17/2023	Surface (irrigation)	No precipitation	No precipitation	No precipitation

Source description	Material type	N (lbs/acre)	P (lbs/acre)	K (lbs/acre)	Salt (lbs/acre)	Amount
WWS	Process wastewater	137.05	12.47	208.28	1,350.98	648,600.00 *gal*
Irrigation Well	Ground water	3.17	0.00	0.00	122.57	1,224,000.00 *gal*
Irrigation Well	Ground water	2.51	0.00	0.00	98.65	969,000.00 *gal*
Application event totals		142.73	12.47	208.28	1,572.20	

Application date	Application method	Precipitation 24 hours prior	Precipitation during application	Precipitation 24 hours following
08/26/2023	Surface (irrigation)	No precipitation	No precipitation	No precipitation

Source description	Material type	N (lbs/acre)	P (lbs/acre)	K (lbs/acre)	Salt (lbs/acre)	Amount
Irrigation Well	Ground water	4.48	0.00	0.00	173.04	1,728,000.00 *gal*
Irrigation Well	Ground water	3.54	0.00	0.00	139.27	1,368,000.00 *gal*
Application event totals		8.02	0.00	0.00	312.32	

Application date	Application method	Precipitation 24 hours prior	Precipitation during application	Precipitation 24 hours following
09/09/2023	Surface (irrigation)	No precipitation	No precipitation	No precipitation

Source description	Material type	N (lbs/acre)	P (lbs/acre)	K (lbs/acre)	Salt (lbs/acre)	Amount
Irrigation Well	Ground water	4.29	0.00	0.00	165.83	1,656,000.00 *gal*
Irrigation Well	Ground water	3.40	0.00	0.00	133.47	1,311,000.00 *gal*
Application event totals		7.69	0.00	0.00	299.30	

9 - 11/02/2022: Oats, silage-soft dough

Field name: 9

Crop: Oats, silage-soft dough

Plant date: 11/02/2022

Application date	Application method	Precipitation 24 hours prior	Precipitation during application	Precipitation 24 hours following

9 - 11/02/2022: Oats, silage-soft dough

Application date	Application method	Precipitation 24 hours prior	Precipitation during application	Precipitation 24 hours following
10/12/2022	Broadcast/incorporate	No precipitation	No precipitation	No precipitation

Source description	Material type	N (lbs/acre)	P (lbs/acre)	K (lbs/acre)	Salt (lbs/acre)	Amount
Solid Manure	Corral solids	124.49	56.96	326.48	1,714.62	240.00 *ton*
Application event totals		124.49	56.96	326.48	1,714.62	

9 - 06/12/2023: Corn, silage

Field name: 9

Crop: Corn, silage

Plant date: 06/12/2023

Application date	Application method	Precipitation 24 hours prior	Precipitation during application	Precipitation 24 hours following
05/30/2023	Surface (irrigation)	No precipitation	No precipitation	No precipitation

Source description	Material type	N (lbs/acre)	P (lbs/acre)	K (lbs/acre)	Salt (lbs/acre)	Amount
Irrigation Well	Ground water	4.66	0.00	0.00	180.25	2,160,000.00 *gal*
Irrigation Well	Ground water	3.69	0.00	0.00	145.08	1,710,000.00 *gal*
Application event totals		8.35	0.00	0.00	325.33	

06/12/2023	Sidedress	No precipitation	No precipitation	No precipitation

Source description	Material type	N (lbs/acre)	P (lbs/acre)	K (lbs/acre)	Salt (lbs/acre)	Amount
4-0-0	Solid commercial fertilizer	8.00	0.00	0.00	0.00	
Application event totals		8.00	0.00	0.00	0.00	

07/11/2023	Surface (irrigation)	No precipitation	No precipitation	No precipitation

Source description	Material type	N (lbs/acre)	P (lbs/acre)	K (lbs/acre)	Salt (lbs/acre)	Amount
Irrigation Well	Ground water	4.66	0.00	0.00	180.25	2,160,000.00 *gal*
Irrigation Well	Ground water	3.69	0.00	0.00	145.08	1,710,000.00 *gal*
Application event totals		8.35	0.00	0.00	325.33	

9 - 06/12/2023: Corn, silage

Application date	Application method	Precipitation 24 hours prior	Precipitation during application	Precipitation 24 hours following
07/20/2023	Surface (irrigation)	No precipitation	No precipitation	No precipitation

Source description	Material type	N (lbs/acre)	P (lbs/acre)	K (lbs/acre)	Salt (lbs/acre)	Amount
WWS	Process wastewater	144.45	13.14	219.52	1,423.91	820,340.00 *gal*
Irrigation Well	Ground water	2.10	0.00	0.00	112.66	1,500,000.00 *gal*
Irrigation Well	Ground water	2.64	0.00	0.00	110.57	1,500,000.00 *gal*
Application event totals		149.19	13.14	219.52	1,647.14	

08/04/2023	Surface (irrigation)	No precipitation	No precipitation	No precipitation

Source description	Material type	N (lbs/acre)	P (lbs/acre)	K (lbs/acre)	Salt (lbs/acre)	Amount
Irrigation Well	Ground water	4.71	0.00	0.00	252.35	3,360,000.00 *gal*
Application event totals		4.71	0.00	0.00	252.35	

08/14/2023	Surface (irrigation)	No precipitation	No precipitation	No precipitation

Source description	Material type	N (lbs/acre)	P (lbs/acre)	K (lbs/acre)	Salt (lbs/acre)	Amount
Irrigation Well	Ground water	4.63	0.00	0.00	247.85	3,300,000.00 *gal*
Application event totals		4.63	0.00	0.00	247.85	

08/24/2023	Surface (irrigation)	No precipitation	No precipitation	No precipitation

Source description	Material type	N (lbs/acre)	P (lbs/acre)	K (lbs/acre)	Salt (lbs/acre)	Amount
Irrigation Well	Ground water	4.71	0.00	0.00	252.35	3,360,000.00 *gal*
Application event totals		4.71	0.00	0.00	252.35	

09/08/2023	Surface (irrigation)	No precipitation	No precipitation	No precipitation

Source description	Material type	N (lbs/acre)	P (lbs/acre)	K (lbs/acre)	Salt (lbs/acre)	Amount
Irrigation Well	Ground water	4.54	0.00	0.00	243.34	3,240,000.00 *gal*
Application event totals		4.54	0.00	0.00	243.34	

D2-1 - 02/01/2022: Almond, in shell

Field name: D2-1

Crop: Almond, in shell

Plant date: 02/01/2022

D2-1 - 02/01/2022: Almond, in shell

Application date	Application method	Precipitation 24 hours prior	Precipitation during application	Precipitation 24 hours following
04/15/2023	Sidedress	No precipitation	No precipitation	No precipitation

Source description	Material type	N (lbs/acre)	P (lbs/acre)	K (lbs/acre)	Salt (lbs/acre)	Amount
Triple 15	Solid commercial fertilizer	12.00	12.00	12.00	0.00	
Application event totals		12.00	12.00	12.00	0.00	

Application date	Application method	Precipitation 24 hours prior	Precipitation during application	Precipitation 24 hours following
04/16/2023	Surface (irrigation)	No precipitation	No precipitation	No precipitation

Source description	Material type	N (lbs/acre)	P (lbs/acre)	K (lbs/acre)	Salt (lbs/acre)	Amount
Irrigation Well	Ground water	3.66	0.00	0.00	190.45	1,969,000.00 *gal*
Application event totals		3.66	0.00	0.00	190.45	

Application date	Application method	Precipitation 24 hours prior	Precipitation during application	Precipitation 24 hours following
05/02/2023	Surface (irrigation)	No precipitation	No precipitation	No precipitation

Source description	Material type	N (lbs/acre)	P (lbs/acre)	K (lbs/acre)	Salt (lbs/acre)	Amount
Irrigation Well	Ground water	3.66	0.00	0.00	190.45	1,969,000.00 *gal*
Application event totals		3.66	0.00	0.00	190.45	

Application date	Application method	Precipitation 24 hours prior	Precipitation during application	Precipitation 24 hours following
05/17/2023	Surface (irrigation)	No precipitation	No precipitation	No precipitation

Source description	Material type	N (lbs/acre)	P (lbs/acre)	K (lbs/acre)	Salt (lbs/acre)	Amount
Irrigation Well	Ground water	3.66	0.00	0.00	190.45	1,969,000.00 *gal*
Application event totals		3.66	0.00	0.00	190.45	

Application date	Application method	Precipitation 24 hours prior	Precipitation during application	Precipitation 24 hours following
06/01/2023	Surface (irrigation)	No precipitation	No precipitation	No precipitation

Source description	Material type	N (lbs/acre)	P (lbs/acre)	K (lbs/acre)	Salt (lbs/acre)	Amount
Irrigation Well	Ground water	3.66	0.00	0.00	190.45	1,969,000.00 *gal*
Application event totals		3.66	0.00	0.00	190.45	

Application date	Application method	Precipitation 24 hours prior	Precipitation during application	Precipitation 24 hours following
05/30/2023	Sidedress	No precipitation	No precipitation	No precipitation

Source description	Material type	N (lbs/acre)	P (lbs/acre)	K (lbs/acre)	Salt (lbs/acre)	Amount
Triple 15	Solid commercial fertilizer	12.00	12.00	12.00	0.00	
Application event totals		12.00	12.00	12.00	0.00	

D2-1 - 02/01/2022: Almond, in shell

Application date	Application method	Precipitation 24 hours prior	Precipitation during application	Precipitation 24 hours following
06/16/2023	Surface (irrigation)	No precipitation	No precipitation	No precipitation

Source description	Material type	N (lbs/acre)	P (lbs/acre)	K (lbs/acre)	Salt (lbs/acre)	Amount
Irrigation Well	Ground water	3.70	0.00	0.00	192.58	1,991,000.00 *gal*
Application event totals		3.70	0.00	0.00	192.58	

Application date	Application method	Precipitation 24 hours prior	Precipitation during application	Precipitation 24 hours following
07/01/2023	Surface (irrigation)	No precipitation	No precipitation	No precipitation

Source description	Material type	N (lbs/acre)	P (lbs/acre)	K (lbs/acre)	Salt (lbs/acre)	Amount
Irrigation Well	Ground water	3.70	0.00	0.00	192.58	1,991,000.00 *gal*
Application event totals		3.70	0.00	0.00	192.58	

Application date	Application method	Precipitation 24 hours prior	Precipitation during application	Precipitation 24 hours following
06/30/2023	Sidedress	No precipitation	No precipitation	No precipitation

Source description	Material type	N (lbs/acre)	P (lbs/acre)	K (lbs/acre)	Salt (lbs/acre)	Amount
Triple 15	Solid commercial fertilizer	12.00	12.00	12.00	0.00	
Application event totals		12.00	12.00	12.00	0.00	

Application date	Application method	Precipitation 24 hours prior	Precipitation during application	Precipitation 24 hours following
07/16/2023	Surface (irrigation)	No precipitation	No precipitation	No precipitation

Source description	Material type	N (lbs/acre)	P (lbs/acre)	K (lbs/acre)	Salt (lbs/acre)	Amount
Irrigation Well	Ground water	3.70	0.00	0.00	192.58	1,991,000.00 *gal*
Application event totals		3.70	0.00	0.00	192.58	

Application date	Application method	Precipitation 24 hours prior	Precipitation during application	Precipitation 24 hours following
07/31/2023	Pipeline	No precipitation	No precipitation	No precipitation

Source description	Material type	N (lbs/acre)	P (lbs/acre)	K (lbs/acre)	Salt (lbs/acre)	Amount
Irrigation Well	Ground water	3.70	0.00	0.00	192.58	1,991,000.00 *gal*
Application event totals		3.70	0.00	0.00	192.58	

Application date	Application method	Precipitation 24 hours prior	Precipitation during application	Precipitation 24 hours following
08/15/2023	Surface (irrigation)	No precipitation	No precipitation	No precipitation

Source description	Material type	N (lbs/acre)	P (lbs/acre)	K (lbs/acre)	Salt (lbs/acre)	Amount
Irrigation Well	Ground water	3.70	0.00	0.00	192.58	1,991,000.00 *gal*
Application event totals		3.70	0.00	0.00	192.58	

D2-1 - 02/01/2022: Almond, in shell

Application date	Application method	Precipitation 24 hours prior	Precipitation during application	Precipitation 24 hours following
08/14/2023	Sidedress	No precipitation	No precipitation	No precipitation

Source description	Material type	N (lbs/acre)	P (lbs/acre)	K (lbs/acre)	Salt (lbs/acre)	Amount
Triple 15	Solid commercial fertilizer	12.00	12.00	12.00	0.00	
Application event totals		12.00	12.00	12.00	0.00	

Application date	Application method	Precipitation 24 hours prior	Precipitation during application	Precipitation 24 hours following
08/30/2023	Surface (irrigation)	No precipitation	No precipitation	No precipitation

Source description	Material type	N (lbs/acre)	P (lbs/acre)	K (lbs/acre)	Salt (lbs/acre)	Amount
Irrigation Well	Ground water	3.70	0.00	0.00	192.58	1,991,000.00 *gal*
Application event totals		3.70	0.00	0.00	192.58	

Application date	Application method	Precipitation 24 hours prior	Precipitation during application	Precipitation 24 hours following
09/14/2023	Surface (irrigation)	No precipitation	No precipitation	No precipitation

Source description	Material type	N (lbs/acre)	P (lbs/acre)	K (lbs/acre)	Salt (lbs/acre)	Amount
Irrigation Well	Ground water	3.70	0.00	0.00	192.58	1,991,000.00 *gal*
Application event totals		3.70	0.00	0.00	192.58	

Application date	Application method	Precipitation 24 hours prior	Precipitation during application	Precipitation 24 hours following
09/29/2023	Pipeline	No precipitation	No precipitation	No precipitation

Source description	Material type	N (lbs/acre)	P (lbs/acre)	K (lbs/acre)	Salt (lbs/acre)	Amount
Irrigation Well	Ground water	3.70	0.00	0.00	192.58	1,991,000.00 *gal*
Application event totals		3.70	0.00	0.00	192.58	

Application date	Application method	Precipitation 24 hours prior	Precipitation during application	Precipitation 24 hours following
10/14/2023	Surface (irrigation)	No precipitation	No precipitation	No precipitation

Source description	Material type	N (lbs/acre)	P (lbs/acre)	K (lbs/acre)	Salt (lbs/acre)	Amount
Irrigation Well	Ground water	3.70	0.00	0.00	192.58	1,991,000.00 *gal*
Application event totals		3.70	0.00	0.00	192.58	

D2-3 - 11/04/2022: Oats, silage-soft dough

Field name: D2-3

Crop: Oats, silage-soft dough

Plant date: 11/04/2022

Application date	Application method	Precipitation 24 hours prior	Precipitation during application	Precipitation 24 hours following

D2-3 - 11/04/2022: Oats, silage-soft dough

Application date	Application method	Precipitation 24 hours prior	Precipitation during application	Precipitation 24 hours following
10/21/2022	Broadcast/incorporate	No precipitation	No precipitation	No precipitation

Source description	Material type	N (lbs/acre)	P (lbs/acre)	K (lbs/acre)	Salt (lbs/acre)	Amount
Solid Manure	Separator solids	159.88	42.48	59.20	1,270.36	470.00 *ton*
Application event totals		159.88	42.48	59.20	1,270.36	

D2-3 - 05/23/2023: Corn, silage

Field name: D2-3

Crop: Corn, silage

Plant date: 05/23/2023

Application date	Application method	Precipitation 24 hours prior	Precipitation during application	Precipitation 24 hours following
05/19/2023	Broadcast/incorporate	No precipitation	No precipitation	No precipitation

Source description	Material type	N (lbs/acre)	P (lbs/acre)	K (lbs/acre)	Salt (lbs/acre)	Amount
Solid Manure	Separator solids	181.60	70.40	147.20	2,128.00	620.00 *ton*
Application event totals		181.60	70.40	147.20	2,128.00	

05/24/2023	Surface (irrigation)	No precipitation	No precipitation	No precipitation

Source description	Material type	N (lbs/acre)	P (lbs/acre)	K (lbs/acre)	Salt (lbs/acre)	Amount
Irrigation Well	Ground water	4.94	0.00	0.00	257.00	7,488,000.00 *gal*
Application event totals		4.94	0.00	0.00	257.00	

05/23/2023	Sidedress	No precipitation	No precipitation	No precipitation

Source description	Material type	N (lbs/acre)	P (lbs/acre)	K (lbs/acre)	Salt (lbs/acre)	Amount
4-0-0	Solid commercial fertilizer	8.00	0.00	0.00	0.00	
Application event totals		8.00	0.00	0.00	0.00	

06/12/2023	Surface (irrigation)	No precipitation	No precipitation	No precipitation

Source description	Material type	N (lbs/acre)	P (lbs/acre)	K (lbs/acre)	Salt (lbs/acre)	Amount
Irrigation Well	Ground water	4.75	0.00	0.00	247.12	7,200,000.00 *gal*
Application event totals		4.75	0.00	0.00	247.12	

D2-3 - 05/23/2023: Corn, silage

Application date	Application method	Precipitation 24 hours prior	Precipitation during application	Precipitation 24 hours following
06/24/2023	Surface (irrigation)	No precipitation	No precipitation	No precipitation

Source description	Material type	N (lbs/acre)	P (lbs/acre)	K (lbs/acre)	Salt (lbs/acre)	Amount
Irrigation Well	Ground water	4.65	0.00	0.00	242.18	7,056,000.00 *gal*
Application event totals		4.65	0.00	0.00	242.18	

Application date	Application method	Precipitation 24 hours prior	Precipitation during application	Precipitation 24 hours following
07/13/2023	Surface (irrigation)	No precipitation	No precipitation	No precipitation

Source description	Material type	N (lbs/acre)	P (lbs/acre)	K (lbs/acre)	Salt (lbs/acre)	Amount
Irrigation Well	Ground water	4.46	0.00	0.00	232.29	6,768,000.00 *gal*
Application event totals		4.46	0.00	0.00	232.29	

Application date	Application method	Precipitation 24 hours prior	Precipitation during application	Precipitation 24 hours following
07/25/2023	Surface (irrigation)	No precipitation	No precipitation	No precipitation

Source description	Material type	N (lbs/acre)	P (lbs/acre)	K (lbs/acre)	Salt (lbs/acre)	Amount
Irrigation Well	Ground water	4.18	0.00	0.00	217.47	6,336,000.00 *gal*
Application event totals		4.18	0.00	0.00	217.47	

Application date	Application method	Precipitation 24 hours prior	Precipitation during application	Precipitation 24 hours following
08/06/2023	Surface (irrigation)	No precipitation	No precipitation	No precipitation

Source description	Material type	N (lbs/acre)	P (lbs/acre)	K (lbs/acre)	Salt (lbs/acre)	Amount
Irrigation Well	Ground water	4.18	0.00	0.00	217.47	6,336,000.00 *gal*
Application event totals		4.18	0.00	0.00	217.47	

Application date	Application method	Precipitation 24 hours prior	Precipitation during application	Precipitation 24 hours following
08/19/2023	Surface (irrigation)	No precipitation	No precipitation	No precipitation

Source description	Material type	N (lbs/acre)	P (lbs/acre)	K (lbs/acre)	Salt (lbs/acre)	Amount
Irrigation Well	Ground water	4.13	0.00	0.00	214.99	6,264,000.00 *gal*
Application event totals		4.13	0.00	0.00	214.99	

Application date	Application method	Precipitation 24 hours prior	Precipitation during application	Precipitation 24 hours following
08/31/2023	Surface (irrigation)	No precipitation	No precipitation	No precipitation

Source description	Material type	N (lbs/acre)	P (lbs/acre)	K (lbs/acre)	Salt (lbs/acre)	Amount
Irrigation Well	Ground water	4.13	0.00	0.00	214.99	6,264,000.00 *gal*
Application event totals		4.13	0.00	0.00	214.99	

D2-4 - 02/10/2011: Almond, in shell

D2-4 - 02/10/2011: Almond, in shell

Field name: D2-4

Crop: Almond, in shell

Plant date: 02/10/2011

Application date	Application method	Precipitation 24 hours prior	Precipitation during application	Precipitation 24 hours following
11/02/2022	Broadcast/incorporate	No precipitation	No precipitation	No precipitation

Source description	Material type	N (lbs/acre)	P (lbs/acre)	K (lbs/acre)	Salt (lbs/acre)	Amount
Solid Manure	Corral solids	45.07	20.62	118.21	620.81	84.00 *ton*
Application event totals		45.07	20.62	118.21	620.81	

Application date	Application method	Precipitation 24 hours prior	Precipitation during application	Precipitation 24 hours following
03/02/2023	Sidedress	No precipitation	No precipitation	No precipitation

Source description	Material type	N (lbs/acre)	P (lbs/acre)	K (lbs/acre)	Salt (lbs/acre)	Amount
CAN 17	Solid commercial fertilizer	42.50	0.00	0.00	0.00	
Application event totals		42.50	0.00	0.00	0.00	

Application date	Application method	Precipitation 24 hours prior	Precipitation during application	Precipitation 24 hours following
04/14/2023	Surface (irrigation)	No precipitation	No precipitation	No precipitation

Source description	Material type	N (lbs/acre)	P (lbs/acre)	K (lbs/acre)	Salt (lbs/acre)	Amount
UN32	Solid commercial fertilizer	35.20	0.00	0.00	0.00	
Irrigation Well	Ground water	3.74	0.00	0.00	194.71	2,653,500.00 *gal*
Application event totals		38.94	0.00	0.00	194.71	

Application date	Application method	Precipitation 24 hours prior	Precipitation during application	Precipitation 24 hours following
04/30/2023	Surface (irrigation)	No precipitation	No precipitation	No precipitation

Source description	Material type	N (lbs/acre)	P (lbs/acre)	K (lbs/acre)	Salt (lbs/acre)	Amount
Irrigation Well	Ground water	3.74	0.00	0.00	194.71	2,653,500.00 *gal*
Application event totals		3.74	0.00	0.00	194.71	

Application date	Application method	Precipitation 24 hours prior	Precipitation during application	Precipitation 24 hours following
05/15/2023	Surface (irrigation)	No precipitation	No precipitation	No precipitation

Source description	Material type	N (lbs/acre)	P (lbs/acre)	K (lbs/acre)	Salt (lbs/acre)	Amount
Irrigation Well	Ground water	3.74	0.00	0.00	194.71	2,653,500.00 *gal*
Application event totals		3.74	0.00	0.00	194.71	

D2-4 - 02/10/2011: Almond, in shell

Application date	Application method	Precipitation 24 hours prior	Precipitation during application	Precipitation 24 hours following
05/30/2023	Surface (irrigation)	No precipitation	No precipitation	No precipitation

Source description	Material type	N (lbs/acre)	P (lbs/acre)	K (lbs/acre)	Salt (lbs/acre)	Amount
UN32	Solid commercial fertilizer	35.20	0.00	0.00	0.00	
Irrigation Well	Ground water	3.74	0.00	0.00	194.71	2,653,500.00 *gal*
Application event totals		38.94	0.00	0.00	194.71	

Application date	Application method	Precipitation 24 hours prior	Precipitation during application	Precipitation 24 hours following
06/14/2023	Surface (irrigation)	No precipitation	No precipitation	No precipitation

Source description	Material type	N (lbs/acre)	P (lbs/acre)	K (lbs/acre)	Salt (lbs/acre)	Amount
Irrigation Well	Ground water	3.80	0.00	0.00	197.90	2,697,000.00 *gal*
Application event totals		3.80	0.00	0.00	197.90	

Application date	Application method	Precipitation 24 hours prior	Precipitation during application	Precipitation 24 hours following
06/29/2023	Surface (irrigation)	No precipitation	No precipitation	No precipitation

Source description	Material type	N (lbs/acre)	P (lbs/acre)	K (lbs/acre)	Salt (lbs/acre)	Amount
Irrigation Well	Ground water	3.80	0.00	0.00	197.90	2,697,000.00 *gal*
Application event totals		3.80	0.00	0.00	197.90	

Application date	Application method	Precipitation 24 hours prior	Precipitation during application	Precipitation 24 hours following
07/14/2023	Surface (irrigation)	No precipitation	No precipitation	No precipitation

Source description	Material type	N (lbs/acre)	P (lbs/acre)	K (lbs/acre)	Salt (lbs/acre)	Amount
Irrigation Well	Ground water	3.80	0.00	0.00	197.90	2,697,000.00 *gal*
Application event totals		3.80	0.00	0.00	197.90	

Application date	Application method	Precipitation 24 hours prior	Precipitation during application	Precipitation 24 hours following
07/29/2023	Surface (irrigation)	No precipitation	No precipitation	No precipitation

Source description	Material type	N (lbs/acre)	P (lbs/acre)	K (lbs/acre)	Salt (lbs/acre)	Amount
Irrigation Well	Ground water	3.80	0.00	0.00	197.90	2,697,000.00 *gal*
Application event totals		3.80	0.00	0.00	197.90	

Application date	Application method	Precipitation 24 hours prior	Precipitation during application	Precipitation 24 hours following
08/13/2023	Surface (irrigation)	No precipitation	No precipitation	No precipitation

Source description	Material type	N (lbs/acre)	P (lbs/acre)	K (lbs/acre)	Salt (lbs/acre)	Amount
Irrigation Well	Ground water	3.80	0.00	0.00	197.90	2,697,000.00 *gal*
Application event totals		3.80	0.00	0.00	197.90	

D2-4 - 02/10/2011: Almond, in shell

Application date	Application method	Precipitation 24 hours prior	Precipitation during application	Precipitation 24 hours following
08/28/2023	Surface (irrigation)	No precipitation	No precipitation	No precipitation

Source description	Material type	N (lbs/acre)	P (lbs/acre)	K (lbs/acre)	Salt (lbs/acre)	Amount
Irrigation Well	Ground water	3.80	0.00	0.00	197.90	2,697,000.00 *gal*
Application event totals		3.80	0.00	0.00	197.90	

09/12/2023	Surface (irrigation)	No precipitation	No precipitation	No precipitation

Source description	Material type	N (lbs/acre)	P (lbs/acre)	K (lbs/acre)	Salt (lbs/acre)	Amount
Irrigation Well	Ground water	3.80	0.00	0.00	197.90	2,697,000.00 *gal*
Application event totals		3.80	0.00	0.00	197.90	

B. NUTRIENT BUDGET

1 - 10/17/2022: Oats, silage-soft dough

Field name: 1 Crop: Oats, silage-soft dough Plant date: 10/17/2022

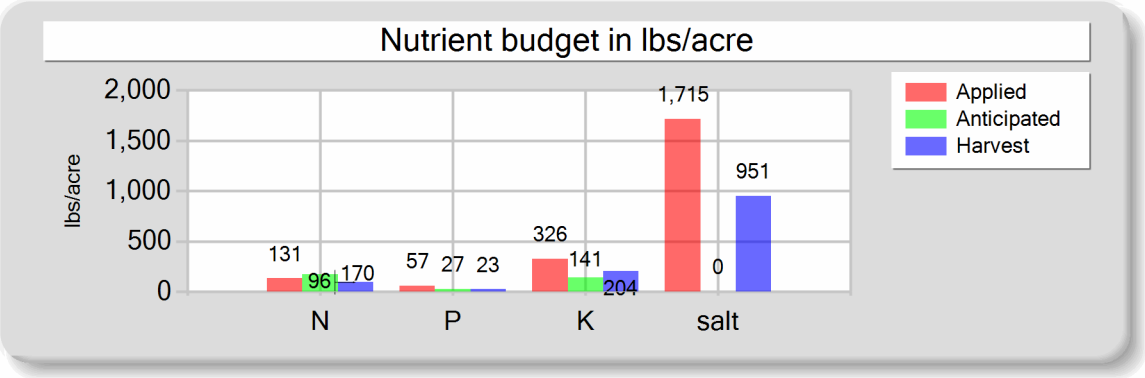

	Total N (lbs/acre)	Total P (lbs/acre)	Total K (lbs/acre)	Total salt (lbs/acre)
Existing soil nutrient content	0.00	0.00	0.00	0.00
Plowdown credit	0.00	0.00	0.00	0.00
Commercial fertilizer / Other	0.00	0.00	0.00	0.00
Dry manure	124.49	56.96	326.48	1,714.62
Process wastewater	0.00	0.00	0.00	0.00
Fresh water	0.00	0.00	0.00	0.00
Atmospheric deposition	7.00	0.00	0.00	0.00
Total nutrients applied	131.49	56.96	326.48	1,714.62
Anticipated crop nutrient removal	170.00	27.20	141.10	0.00
Actual crop nutrient removal	95.67	23.09	203.54	950.57
Nutrient balance	35.82	33.87	122.95	764.05
Applied to removed ratio	1.37	2.47	1.60	1.80

Fresh water applied
0.00 *gallons*
0.00 *acre-inches*
0.00 *inches/acre*

Process wastewater applied
0.00 *gallons*
0.00 *acre-inches*
0.00 *inches/acre*

Total harvests for the crop
1 *harvests*

1 - 06/05/2023: Corn, silage

Field name: 1 Crop: Corn, silage Plant date: 06/05/2023

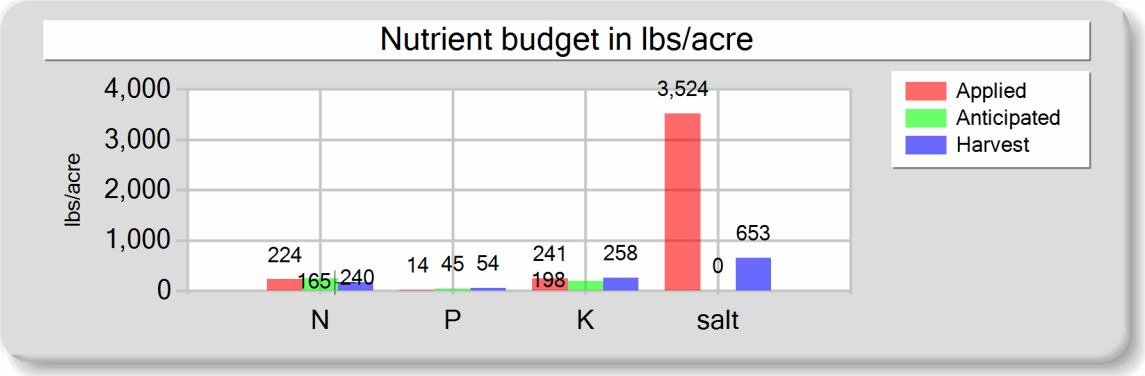

	Total N (lbs/acre)	Total P (lbs/acre)	Total K (lbs/acre)	Total salt (lbs/acre)
Existing soil nutrient content	0.00	0.00	0.00	0.00
Plowdown credit	0.00	0.00	0.00	0.00
Commercial fertilizer / Other	8.00	0.00	0.00	0.00
Dry manure	0.00	0.00	0.00	0.00
Process wastewater	158.52	14.42	240.91	1,562.65
Fresh water	50.36	0.00	0.00	1,961.27
Atmospheric deposition	7.00	0.00	0.00	0.00
Total nutrients applied	223.88	14.42	240.91	3,523.92
Anticipated crop nutrient removal	240.00	45.00	198.00	0.00
Actual crop nutrient removal	164.75	54.03	257.98	652.63
Nutrient balance	59.13	-39.61	-17.07	2,871.29
Applied to removed ratio	1.36	0.27	0.93	5.40

Fresh water applied	
27,219,000.00	*gallons*
1,002.38	*acre-inches*
28.64	*inches/acre*

Process wastewater applied	
1,050,310.00	*gallons*
38.68	*acre-inches*
1.11	*inches/acre*

Total harvests for the crop	
1	*harvests*

10 - 11/02/2022: Oats, silage-soft dough

Field name: 10 Crop: Oats, silage-soft dough Plant date: 11/02/2022

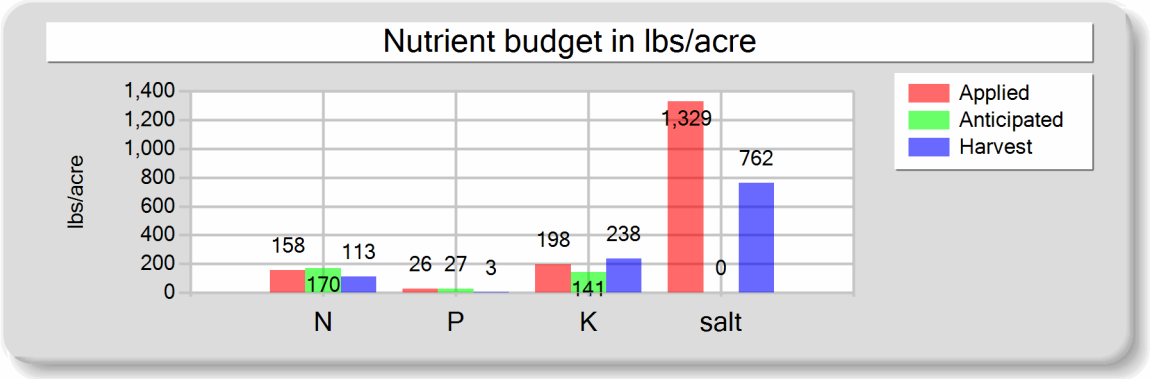

	Total N (lbs/acre)	Total P (lbs/acre)	Total K (lbs/acre)	Total salt (lbs/acre)
Existing soil nutrient content	0.00	0.00	0.00	0.00
Plowdown credit	0.00	0.00	0.00	0.00
Commercial fertilizer / Other	0.00	0.00	0.00	0.00
Dry manure	0.00	0.00	0.00	0.00
Process wastewater	150.64	26.39	197.98	1,328.84
Fresh water	0.00	0.00	0.00	0.00
Atmospheric deposition	7.00	0.00	0.00	0.00
Total nutrients applied	157.64	26.39	197.98	1,328.84
Anticipated crop nutrient removal	170.00	27.20	141.10	0.00
Actual crop nutrient removal	113.14	3.39	238.29	762.48
Nutrient balance	44.49	23.00	-40.31	566.35
Applied to removed ratio	1.39	7.78	0.83	1.74

Fresh water applied
0.00 *gallons*
0.00 *acre-inches*
0.00 *inches/acre*

Process wastewater applied
1,353,840.00 *gallons*
49.86 *acre-inches*
1.19 *inches/acre*

Total harvests for the crop
1 *harvests*

10 - 06/24/2023: Corn, silage

Field name: 10 Crop: Corn, silage Plant date: 06/24/2023

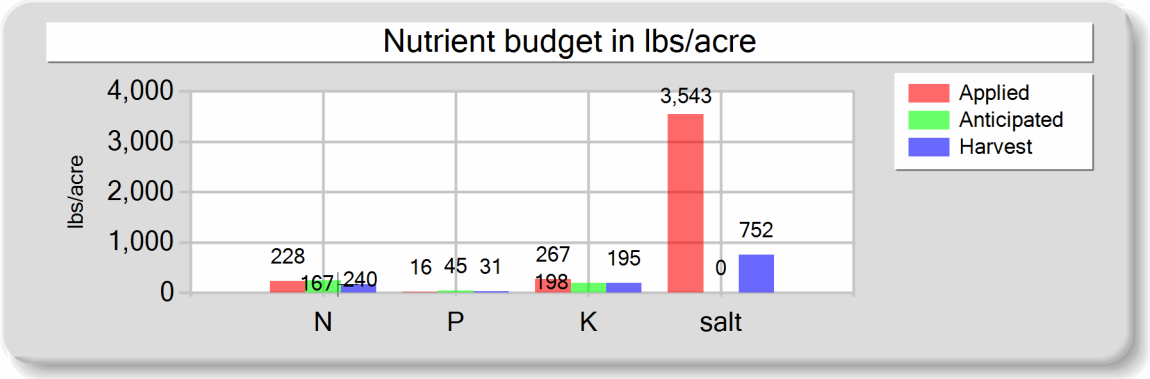

	Total N (lbs/acre)	Total P (lbs/acre)	Total K (lbs/acre)	Total salt (lbs/acre)
Existing soil nutrient content	0.00	0.00	0.00	0.00
Plowdown credit	0.00	0.00	0.00	0.00
Commercial fertilizer / Other	8.00	0.00	0.00	0.00
Dry manure	0.00	0.00	0.00	0.00
Process wastewater	175.85	16.00	267.25	1,733.54
Fresh water	37.06	0.00	0.00	1,809.73
Atmospheric deposition	7.00	0.00	0.00	0.00
Total nutrients applied	227.91	16.00	267.25	3,543.27
Anticipated crop nutrient removal	240.00	45.00	198.00	0.00
Actual crop nutrient removal	167.34	30.73	195.23	751.61
Nutrient balance	60.57	-14.72	72.03	2,791.67
Applied to removed ratio	1.36	0.52	1.37	4.71

Fresh water applied	
32,700,000.00	*gallons*
1,204.23	*acre-inches*
28.67	*inches/acre*

Process wastewater applied	
1,398,210.00	*gallons*
51.49	*acre-inches*
1.23	*inches/acre*

Total harvests for the crop	
1	*harvests*

11 - 10/15/2022: Oats, silage-soft dough

Field name: 11 Crop: Oats, silage-soft dough Plant date: 10/15/2022

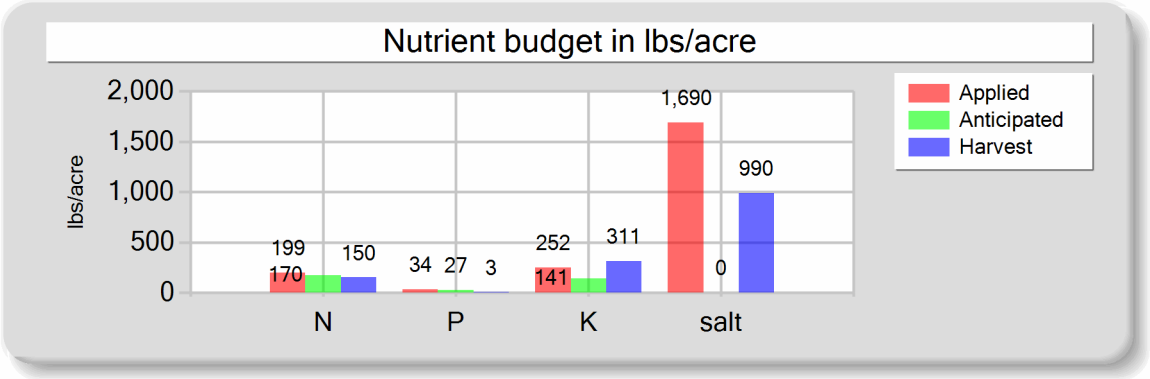

	Total N (lbs/acre)	Total P (lbs/acre)	Total K (lbs/acre)	Total salt (lbs/acre)
Existing soil nutrient content	0.00	0.00	0.00	0.00
Plowdown credit	0.00	0.00	0.00	0.00
Commercial fertilizer / Other	0.00	0.00	0.00	0.00
Dry manure	0.00	0.00	0.00	0.00
Process wastewater	191.58	33.56	251.79	1,689.99
Fresh water	0.00	0.00	0.00	0.00
Atmospheric deposition	7.00	0.00	0.00	0.00
Total nutrients applied	198.58	33.56	251.79	1,689.99
Anticipated crop nutrient removal	170.00	27.20	141.10	0.00
Actual crop nutrient removal	150.50	3.26	311.28	989.69
Nutrient balance	48.08	30.30	-59.49	700.30
Applied to removed ratio	1.32	10.31	0.81	1.71

Fresh water applied	
0.00	*gallons*
0.00	*acre-inches*
0.00	*inches/acre*

Process wastewater applied	
4,837,410.00	*gallons*
178.15	*acre-inches*
1.51	*inches/acre*

Total harvests for the crop	
1	*harvests*

11 - 06/01/2023: Corn, silage

Field name: 11 Crop: Corn, silage Plant date: 06/01/2023

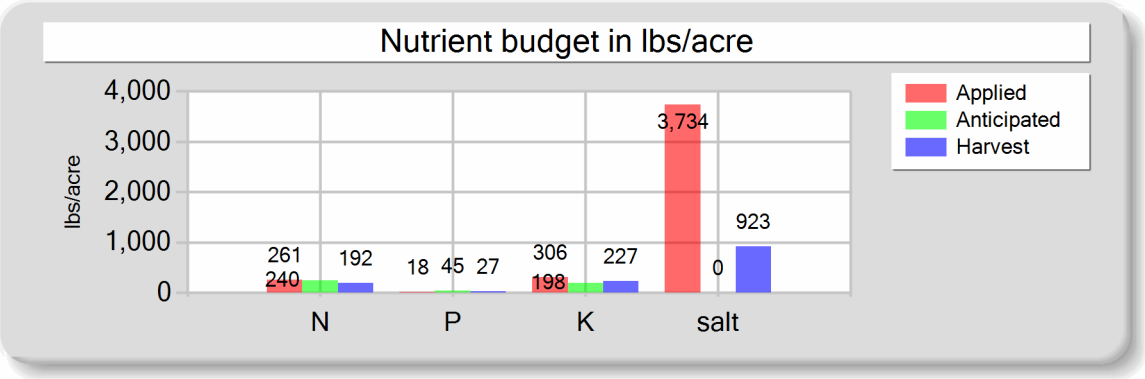

	Total N (lbs/acre)	Total P (lbs/acre)	Total K (lbs/acre)	Total salt (lbs/acre)
Existing soil nutrient content	0.00	0.00	0.00	0.00
Plowdown credit	0.00	0.00	0.00	0.00
Commercial fertilizer / Other	8.00	0.00	0.00	0.00
Dry manure	0.00	0.00	0.00	0.00
Process wastewater	201.32	18.32	305.96	1,984.60
Fresh water	45.08	0.00	0.00	1,749.83
Atmospheric deposition	7.00	0.00	0.00	0.00
Total nutrients applied	261.40	18.32	305.96	3,734.42
Anticipated crop nutrient removal	240.00	45.00	198.00	0.00
Actual crop nutrient removal	192.04	27.12	226.76	922.78
Nutrient balance	69.36	-8.81	79.20	2,811.65
Applied to removed ratio	1.36	0.68	1.35	4.05

Fresh water applied	
83,502,000.00	*gallons*
3,075.09	*acre-inches*
26.06	*inches/acre*

Process wastewater applied	
4,497,216.00	*gallons*
165.62	*acre-inches*
1.40	*inches/acre*

Total harvests for the crop	
1	*harvests*

12 - 11/03/2022: Oats, silage-soft dough

Field name: 12 Crop: Oats, silage-soft dough Plant date: 11/03/2022

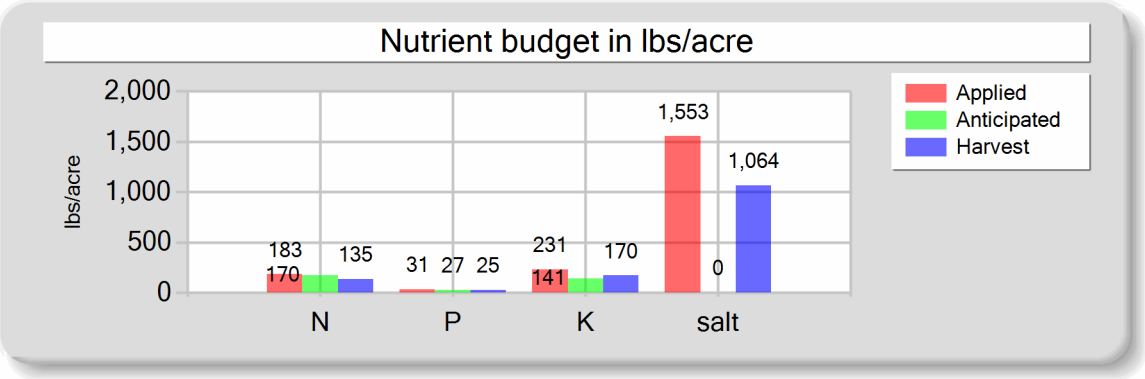

	Total N (lbs/acre)	Total P (lbs/acre)	Total K (lbs/acre)	Total salt (lbs/acre)
Existing soil nutrient content	0.00	0.00	0.00	0.00
Plowdown credit	0.00	0.00	0.00	0.00
Commercial fertilizer / Other	0.00	0.00	0.00	0.00
Dry manure	0.00	0.00	0.00	0.00
Process wastewater	176.08	30.85	231.43	1,553.32
Fresh water	0.00	0.00	0.00	0.00
Atmospheric deposition	7.00	0.00	0.00	0.00
Total nutrients applied	183.08	30.85	231.43	1,553.32
Anticipated crop nutrient removal	170.00	27.20	141.10	0.00
Actual crop nutrient removal	134.96	24.77	170.50	1,064.25
Nutrient balance	48.12	6.08	60.93	489.06
Applied to removed ratio	1.36	1.25	1.36	1.46

Fresh water applied
0.00 *gallons*
0.00 *acre-inches*
0.00 *inches/acre*

Process wastewater applied
2,901,330.00 *gallons*
106.85 *acre-inches*
1.39 *inches/acre*

Total harvests for the crop
1 *harvests*

12 - 06/26/2023: Corn, silage

Field name: 12 Crop: Corn, silage Plant date: 06/26/2023

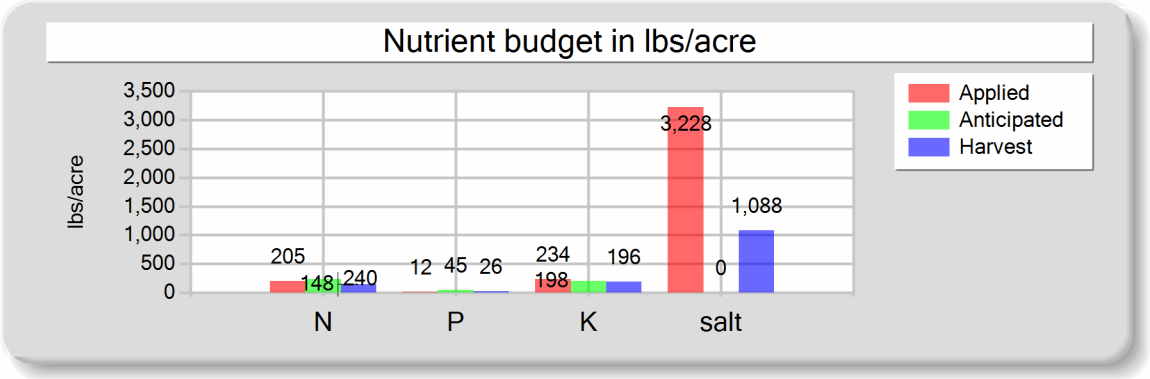

	Total N (lbs/acre)	Total P (lbs/acre)	Total K (lbs/acre)	Total salt (lbs/acre)
Existing soil nutrient content	0.00	0.00	0.00	0.00
Plowdown credit	0.00	0.00	0.00	0.00
Commercial fertilizer / Other	8.00	0.00	0.00	0.00
Dry manure	0.00	0.00	0.00	0.00
Process wastewater	144.41	11.59	234.26	1,381.52
Fresh water	45.13	0.00	0.00	1,845.98
Atmospheric deposition	7.00	0.00	0.00	0.00
Total nutrients applied	204.54	11.59	234.26	3,227.50
Anticipated crop nutrient removal	240.00	45.00	198.00	0.00
Actual crop nutrient removal	148.47	26.46	195.51	1,087.80
Nutrient balance	56.07	-14.87	38.75	2,139.70
Applied to removed ratio	1.38	0.44	1.20	2.97

Fresh water applied	
61,176,000.00	*gallons*
2,252.90	*acre-inches*
29.26	*inches/acre*

Process wastewater applied	
2,309,307.00	*gallons*
85.04	*acre-inches*
1.10	*inches/acre*

Total harvests for the crop	
1	*harvests*

14 - 10/21/2022: Oats, silage-soft dough

Field name: 14 Crop: Oats, silage-soft dough Plant date: 10/21/2022

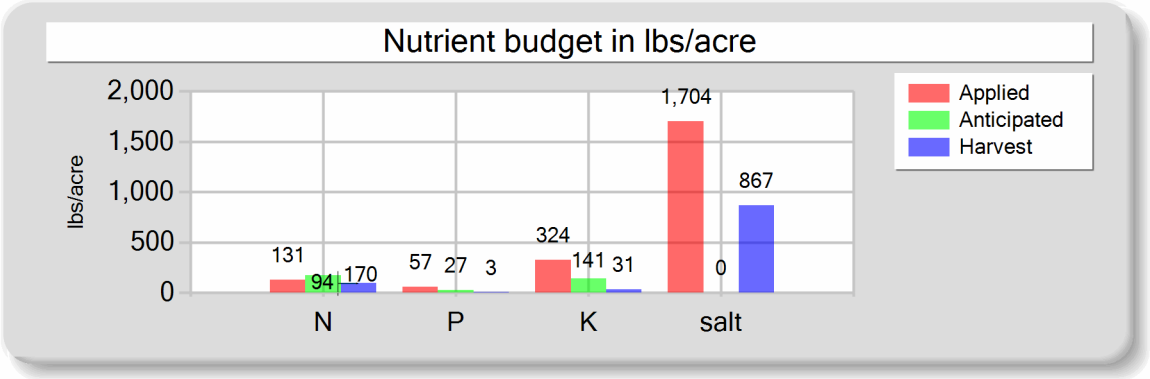

	Total N (lbs/acre)	Total P (lbs/acre)	Total K (lbs/acre)	Total salt (lbs/acre)
Existing soil nutrient content	0.00	0.00	0.00	0.00
Plowdown credit	0.00	0.00	0.00	0.00
Commercial fertilizer / Other	0.00	0.00	0.00	0.00
Dry manure	123.69	56.59	324.39	1,703.63
Process wastewater	0.00	0.00	0.00	0.00
Fresh water	0.00	0.00	0.00	0.00
Atmospheric deposition	7.00	0.00	0.00	0.00
Total nutrients applied	130.69	56.59	324.39	1,703.63
Anticipated crop nutrient removal	170.00	27.20	141.10	0.00
Actual crop nutrient removal	93.70	2.99	30.71	867.35
Nutrient balance	36.99	53.60	293.68	836.28
Applied to removed ratio	1.39	18.91	10.56	1.96

Fresh water applied
0.00 *gallons*
0.00 *acre-inches*
0.00 *inches/acre*

Process wastewater applied
0.00 *gallons*
0.00 *acre-inches*
0.00 *inches/acre*

Total harvests for the crop
1 *harvests*

14 - 06/19/2023: Corn, silage

Field name: 14 Crop: Corn, silage Plant date: 06/19/2023

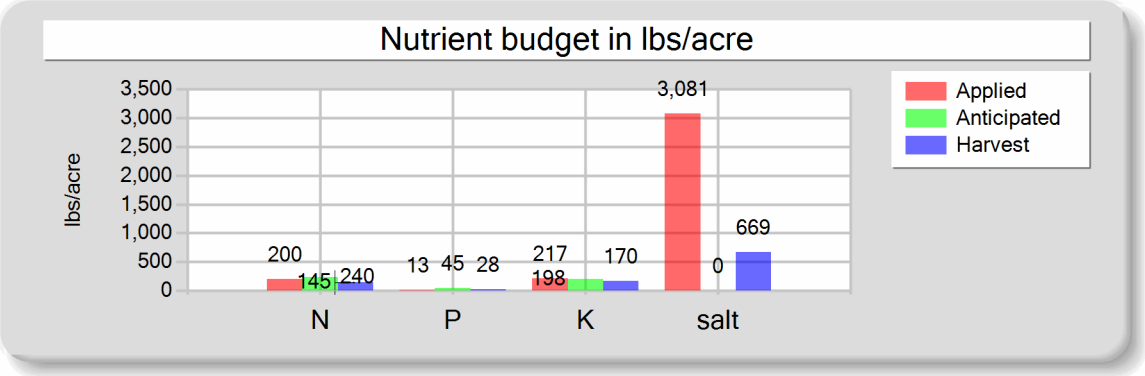

	Total N (lbs/acre)	Total P (lbs/acre)	Total K (lbs/acre)	Total salt (lbs/acre)
Existing soil nutrient content	0.00	0.00	0.00	0.00
Plowdown credit	0.00	0.00	0.00	0.00
Commercial fertilizer / Other	8.00	0.00	0.00	0.00
Dry manure	0.00	0.00	0.00	0.00
Process wastewater	142.63	12.98	216.77	1,406.05
Fresh water	42.80	0.00	0.00	1,674.85
Atmospheric deposition	7.00	0.00	0.00	0.00
Total nutrients applied	200.43	12.98	216.77	3,080.90
Anticipated crop nutrient removal	240.00	45.00	198.00	0.00
Actual crop nutrient removal	145.16	27.77	169.57	669.01
Nutrient balance	55.27	-14.79	47.20	2,411.89
Applied to removed ratio	1.38	0.47	1.28	4.61

Fresh water applied	
55,092,000.00	*gallons*
2,028.85	*acre-inches*
26.01	*inches/acre*

Process wastewater applied	
2,106,130.00	*gallons*
77.56	*acre-inches*
0.99	*inches/acre*

Total harvests for the crop	
1	*harvests*

15 - 10/30/2022: Oats, silage-soft dough

Field name: 15 Crop: Oats, silage-soft dough Plant date: 10/30/2022

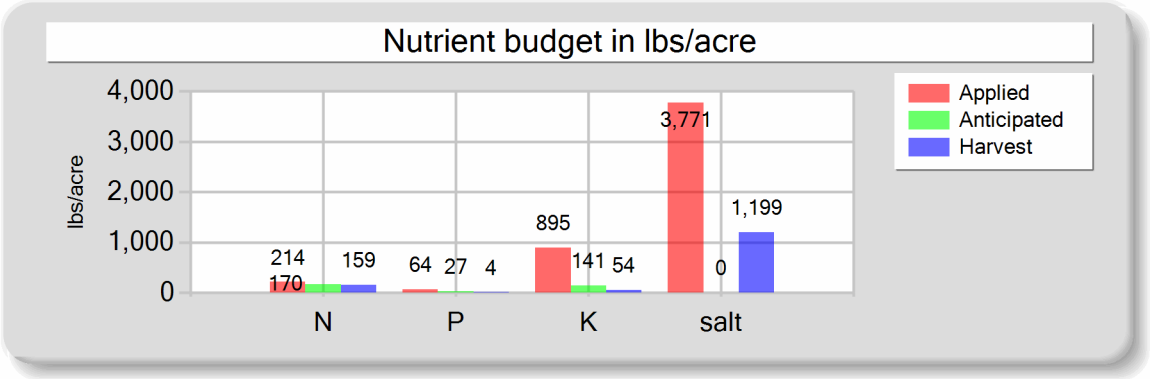

	Total N (lbs/acre)	Total P (lbs/acre)	Total K (lbs/acre)	Total salt (lbs/acre)
Existing soil nutrient content	0.00	0.00	0.00	0.00
Plowdown credit	0.00	0.00	0.00	0.00
Commercial fertilizer / Other	0.00	0.00	0.00	0.00
Dry manure	0.00	0.00	0.00	0.00
Process wastewater	206.62	63.91	894.50	3,770.98
Fresh water	0.00	0.00	0.00	0.00
Atmospheric deposition	7.00	0.00	0.00	0.00
Total nutrients applied	213.62	63.91	894.50	3,770.98
Anticipated crop nutrient removal	170.00	27.20	141.10	0.00
Actual crop nutrient removal	158.53	3.94	54.10	1,199.48
Nutrient balance	55.08	59.97	840.41	2,571.50
Applied to removed ratio	1.35	16.22	16.54	3.14

Fresh water applied
0.00 *gallons*
0.00 *acre-inches*
0.00 *inches/acre*

Process wastewater applied
10,030,288.00 *gallons*
369.38 *acre-inches*
4.99 *inches/acre*

Total harvests for the crop
1 *harvests*

15 - 06/08/2023: Corn, silage

Field name: 15 Crop: Corn, silage Plant date: 06/08/2023

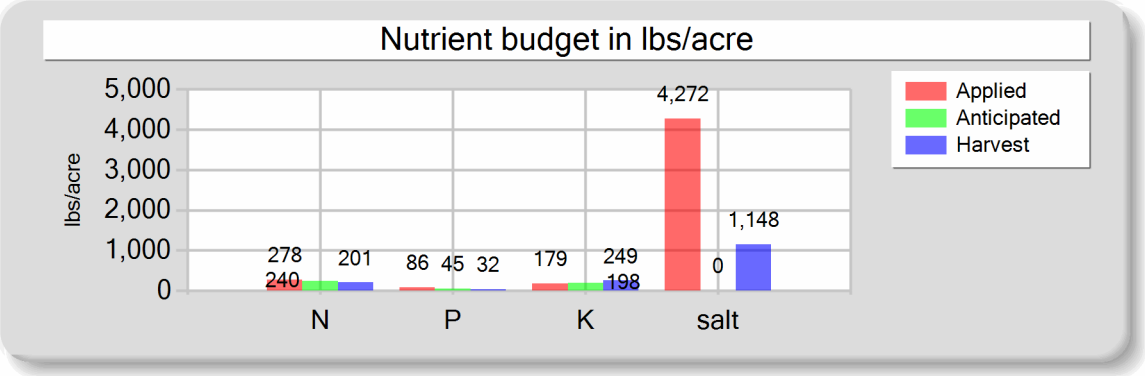

	Total N (lbs/acre)	Total P (lbs/acre)	Total K (lbs/acre)	Total salt (lbs/acre)
Existing soil nutrient content	0.00	0.00	0.00	0.00
Plowdown credit	0.00	0.00	0.00	0.00
Commercial fertilizer / Other	8.00	0.00	0.00	0.00
Dry manure	220.86	85.62	179.03	2,588.11
Process wastewater	0.00	0.00	0.00	0.00
Fresh water	42.07	0.00	0.00	1,683.82
Atmospheric deposition	7.00	0.00	0.00	0.00
Total nutrients applied	277.93	85.62	179.03	4,271.93
Anticipated crop nutrient removal	240.00	45.00	198.00	0.00
Actual crop nutrient removal	201.35	32.24	249.42	1,147.80
Nutrient balance	76.59	53.38	-70.40	3,124.13
Applied to removed ratio	1.38	2.66	0.72	3.72

Fresh water applied	
53,700,000.00	*gallons*
1,977.59	*acre-inches*
26.72	*inches/acre*

Process wastewater applied	
0.00	*gallons*
0.00	*acre-inches*
0.00	*inches/acre*

Total harvests for the crop	
1	*harvests*

16 - 10/14/2022: Oats, silage-soft dough

Field name: 16 Crop: Oats, silage-soft dough Plant date: 10/14/2022

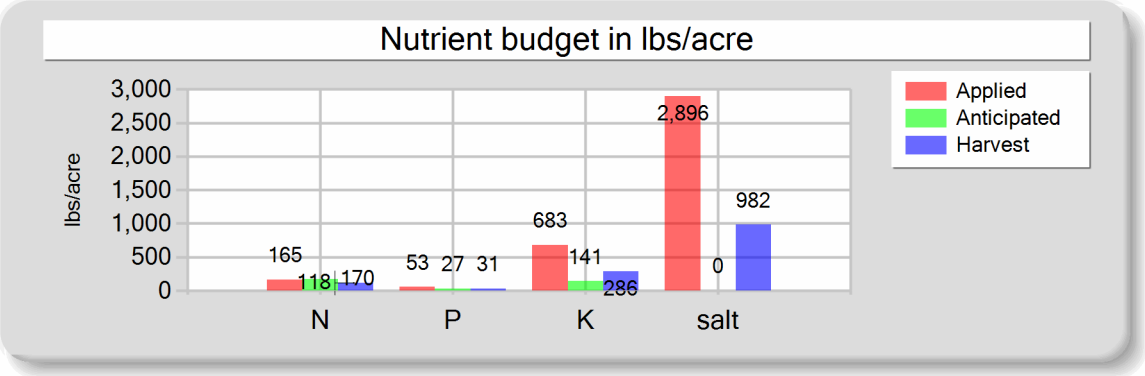

	Total N (lbs/acre)	Total P (lbs/acre)	Total K (lbs/acre)	Total salt (lbs/acre)
Existing soil nutrient content	0.00	0.00	0.00	0.00
Plowdown credit	0.00	0.00	0.00	0.00
Commercial fertilizer / Other	0.00	0.00	0.00	0.00
Dry manure	0.00	0.00	0.00	0.00
Process wastewater	157.71	53.12	682.61	2,895.75
Fresh water	0.00	0.00	0.00	0.00
Atmospheric deposition	7.00	0.00	0.00	0.00
Total nutrients applied	164.71	53.12	682.61	2,895.75
Anticipated crop nutrient removal	170.00	27.20	141.10	0.00
Actual crop nutrient removal	118.25	31.01	286.26	982.12
Nutrient balance	46.46	22.11	396.35	1,913.63
Applied to removed ratio	1.39	1.71	2.38	2.95

Fresh water applied	
0.00	*gallons*
0.00	*acre-inches*
0.00	*inches/acre*

Process wastewater applied	
3,249,040.00	*gallons*
119.65	*acre-inches*
3.99	*inches/acre*

Total harvests for the crop	
1	*harvests*

16 - 06/13/2023: Corn, silage

Field name: 16 Crop: Corn, silage Plant date: 06/13/2023

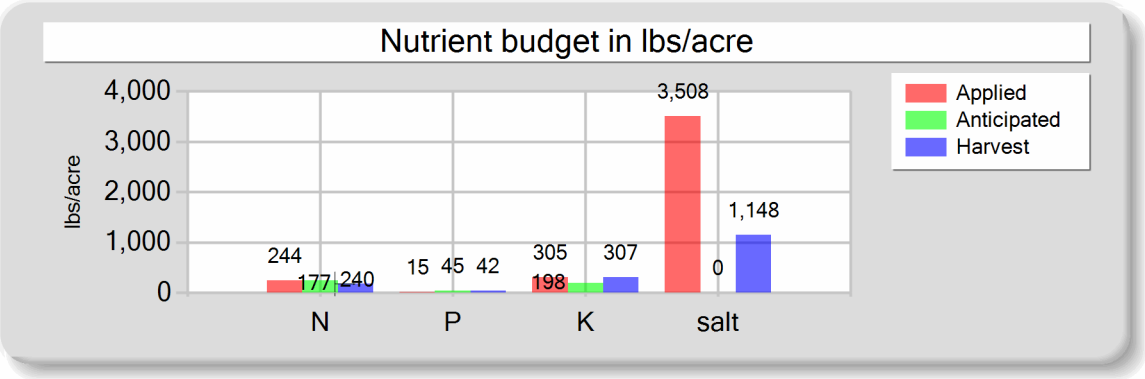

	Total N (lbs/acre)	Total P (lbs/acre)	Total K (lbs/acre)	Total salt (lbs/acre)
Existing soil nutrient content	0.00	0.00	0.00	0.00
Plowdown credit	0.00	0.00	0.00	0.00
Commercial fertilizer / Other	8.00	0.00	0.00	0.00
Dry manure	0.00	0.00	0.00	0.00
Process wastewater	188.27	15.11	305.40	1,801.09
Fresh water	40.72	0.00	0.00	1,707.22
Atmospheric deposition	7.00	0.00	0.00	0.00
Total nutrients applied	243.98	15.11	305.40	3,508.31
Anticipated crop nutrient removal	240.00	45.00	198.00	0.00
Actual crop nutrient removal	177.13	41.55	307.24	1,148.06
Nutrient balance	66.85	-26.44	-1.84	2,360.25
Applied to removed ratio	1.38	0.36	0.99	3.06

Fresh water applied	
23,160,000.00	*gallons*
852.90	*acre-inches*
28.43	*inches/acre*

Process wastewater applied	
1,172,980.00	*gallons*
43.20	*acre-inches*
1.44	*inches/acre*

Total harvests for the crop	
1	*harvests*

17 - 10/14/2022: Oats, silage-soft dough

Field name: 17 Crop: Oats, silage-soft dough Plant date: 10/14/2022

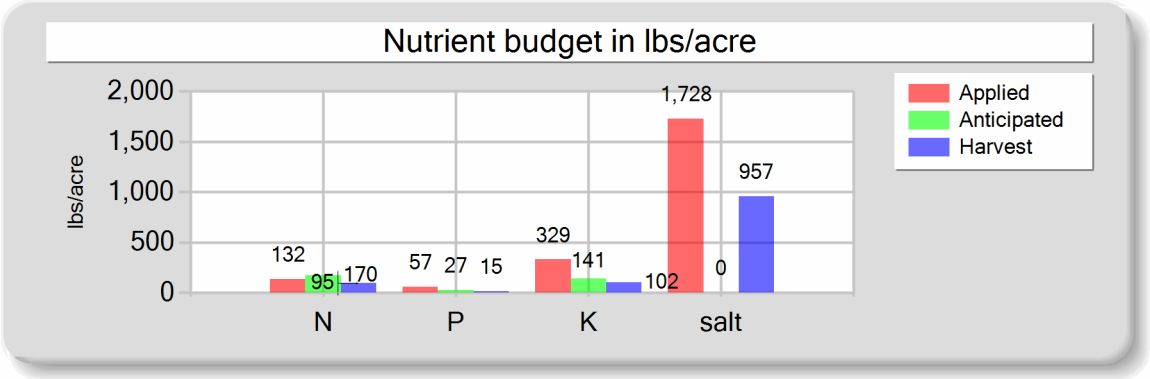

	Total N (lbs/acre)	Total P (lbs/acre)	Total K (lbs/acre)	Total salt (lbs/acre)
Existing soil nutrient content	0.00	0.00	0.00	0.00
Plowdown credit	0.00	0.00	0.00	0.00
Commercial fertilizer / Other	0.00	0.00	0.00	0.00
Dry manure	125.49	57.42	329.12	1,728.45
Process wastewater	0.00	0.00	0.00	0.00
Fresh water	0.00	0.00	0.00	0.00
Atmospheric deposition	7.00	0.00	0.00	0.00
Total nutrients applied	132.49	57.42	329.12	1,728.45
Anticipated crop nutrient removal	170.00	27.20	141.10	0.00
Actual crop nutrient removal	94.71	15.33	102.38	956.58
Nutrient balance	37.78	42.09	226.74	771.88
Applied to removed ratio	1.40	3.75	3.21	1.81

Fresh water applied
0.00 *gallons*
0.00 *acre-inches*
0.00 *inches/acre*

Process wastewater applied
0.00 *gallons*
0.00 *acre-inches*
0.00 *inches/acre*

Total harvests for the crop
1 *harvests*

17 - 06/23/2023: Corn, silage

Field name: 17 Crop: Corn, silage Plant date: 06/23/2023

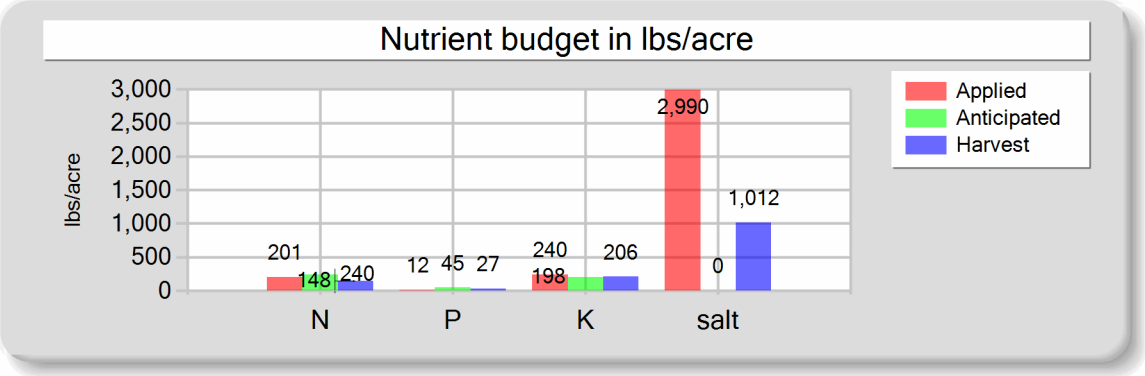

	Total N (lbs/acre)	Total P (lbs/acre)	Total K (lbs/acre)	Total salt (lbs/acre)
Existing soil nutrient content	0.00	0.00	0.00	0.00
Plowdown credit	0.00	0.00	0.00	0.00
Commercial fertilizer / Other	8.00	0.00	0.00	0.00
Dry manure	0.00	0.00	0.00	0.00
Process wastewater	148.19	11.89	240.40	1,417.72
Fresh water	38.09	0.00	0.00	1,572.08
Atmospheric deposition	7.00	0.00	0.00	0.00
Total nutrients applied	201.28	11.89	240.40	2,989.80
Anticipated crop nutrient removal	240.00	45.00	198.00	0.00
Actual crop nutrient removal	147.53	27.00	206.35	1,012.45
Nutrient balance	53.75	-15.11	34.05	1,977.35
Applied to removed ratio	1.36	0.44	1.17	2.95

Fresh water applied	
43,476,000.00	*gallons*
1,601.07	*acre-inches*
25.82	*inches/acre*

Process wastewater applied	
1,908,174.00	*gallons*
70.27	*acre-inches*
1.13	*inches/acre*

Total harvests for the crop	
1	*harvests*

18 - 11/04/2022: Oats, silage-soft dough

Field name: 18 Crop: Oats, silage-soft dough Plant date: 11/04/2022

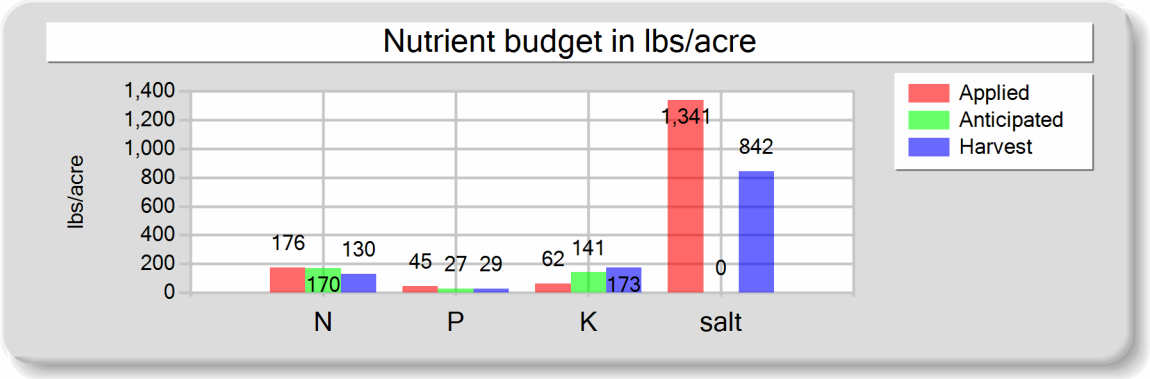

	Total N (lbs/acre)	Total P (lbs/acre)	Total K (lbs/acre)	Total salt (lbs/acre)
Existing soil nutrient content	0.00	0.00	0.00	0.00
Plowdown credit	0.00	0.00	0.00	0.00
Commercial fertilizer / Other	0.00	0.00	0.00	0.00
Dry manure	168.72	44.82	62.47	1,340.64
Process wastewater	0.00	0.00	0.00	0.00
Fresh water	0.00	0.00	0.00	0.00
Atmospheric deposition	7.00	0.00	0.00	0.00
Total nutrients applied	175.72	44.82	62.47	1,340.64
Anticipated crop nutrient removal	170.00	27.20	141.10	0.00
Actual crop nutrient removal	129.60	28.50	173.40	842.40
Nutrient balance	46.12	16.32	-110.93	498.24
Applied to removed ratio	1.36	1.57	0.36	1.59

Fresh water applied
0.00 *gallons*
0.00 *acre-inches*
0.00 *inches/acre*

Process wastewater applied
0.00 *gallons*
0.00 *acre-inches*
0.00 *inches/acre*

Total harvests for the crop
1 *harvests*

18 - 06/15/2023: Corn, silage

Field name: 18 Crop: Corn, silage Plant date: 06/15/2023

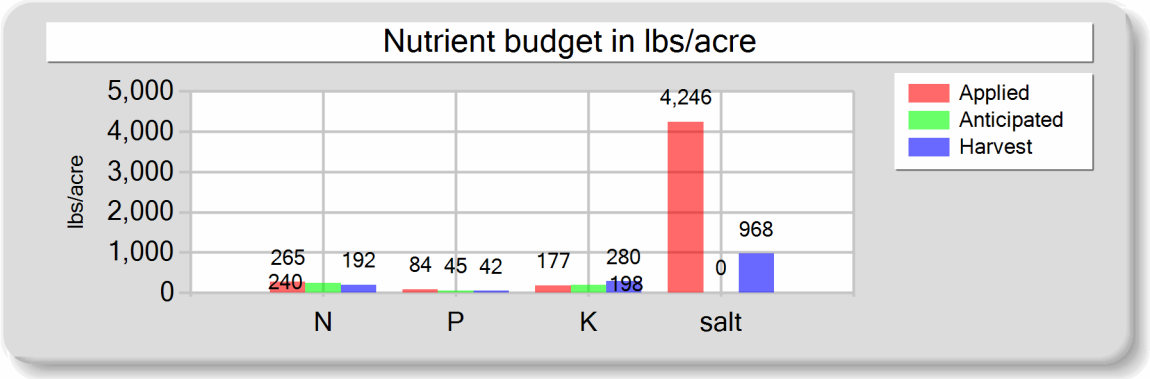

	Total N (lbs/acre)	Total P (lbs/acre)	Total K (lbs/acre)	Total salt (lbs/acre)
Existing soil nutrient content	0.00	0.00	0.00	0.00
Plowdown credit	0.00	0.00	0.00	0.00
Commercial fertilizer / Other	8.00	0.00	0.00	0.00
Dry manure	217.92	84.48	176.64	2,553.60
Process wastewater	0.00	0.00	0.00	0.00
Fresh water	32.30	0.00	0.00	1,692.03
Atmospheric deposition	7.00	0.00	0.00	0.00
Total nutrients applied	265.22	84.48	176.64	4,245.63
Anticipated crop nutrient removal	240.00	45.00	198.00	0.00
Actual crop nutrient removal	192.11	42.36	280.35	968.13
Nutrient balance	73.11	42.12	-103.71	3,277.50
Applied to removed ratio	1.38	1.99	0.63	4.39

Fresh water applied	
25,800,000.00	*gallons*
950.13	*acre-inches*
31.67	*inches/acre*

Process wastewater applied	
0.00	*gallons*
0.00	*acre-inches*
0.00	*inches/acre*

Total harvests for the crop	
1	*harvests*

19 - 02/10/2011: Almond, in shell

Field name: 19 Crop: Almond, in shell Plant date: 02/10/2011

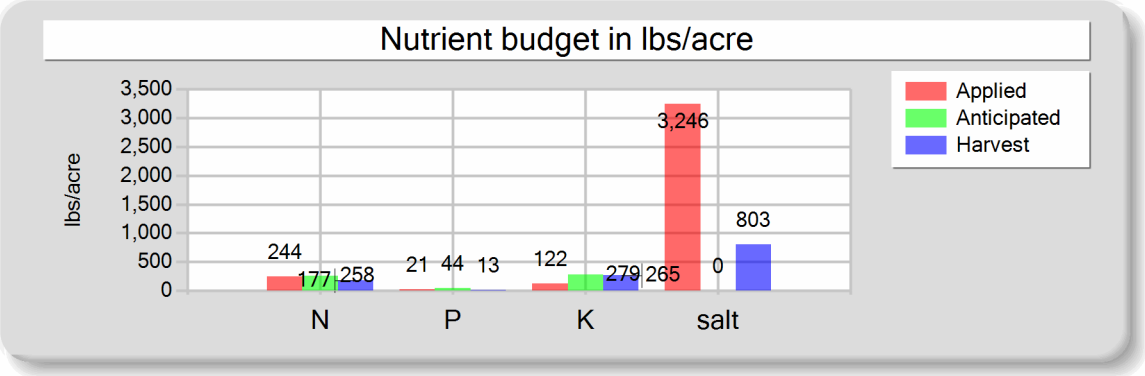

	Total N (lbs/acre)	Total P (lbs/acre)	Total K (lbs/acre)	Total salt (lbs/acre)
Existing soil nutrient content	0.00	0.00	0.00	0.00
Plowdown credit	0.00	0.00	0.00	0.00
Commercial fertilizer / Other	112.90	0.00	0.00	0.00
Dry manure	46.68	21.36	122.43	642.98
Process wastewater	0.00	0.00	0.00	0.00
Fresh water	70.54	0.00	0.00	2,603.35
Atmospheric deposition	14.00	0.00	0.00	0.00
Total nutrients applied	244.13	21.36	122.43	3,246.33
Anticipated crop nutrient removal	258.00	43.80	279.00	0.00
Actual crop nutrient removal	176.77	12.63	265.16	802.69
Nutrient balance	67.35	8.73	-142.73	2,443.64
Applied to removed ratio	1.38	1.69	0.46	4.04

Fresh water applied	
19,368,000.00	*gallons*
713.26	*acre-inches*
39.63	*inches/acre*

Process wastewater applied	
0.00	*gallons*
0.00	*acre-inches*
0.00	*inches/acre*

Total harvests for the crop	
1	*harvests*

2 - 10/17/2022: Oats, silage-soft dough

Field name: 2 Crop: Oats, silage-soft dough Plant date: 10/17/2022

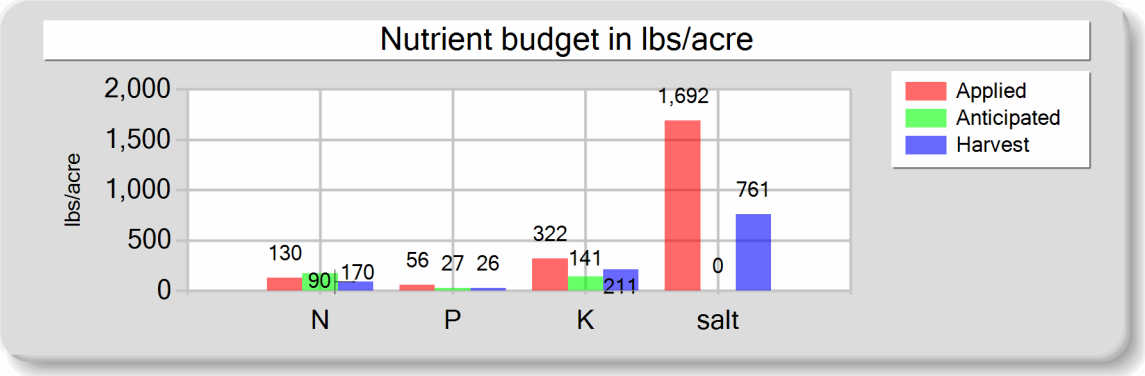

	Total N (lbs/acre)	Total P (lbs/acre)	Total K (lbs/acre)	Total salt (lbs/acre)
Existing soil nutrient content	0.00	0.00	0.00	0.00
Plowdown credit	0.00	0.00	0.00	0.00
Commercial fertilizer / Other	0.00	0.00	0.00	0.00
Dry manure	122.85	56.21	322.19	1,692.06
Process wastewater	0.00	0.00	0.00	0.00
Fresh water	0.00	0.00	0.00	0.00
Atmospheric deposition	7.00	0.00	0.00	0.00
Total nutrients applied	129.85	56.21	322.19	1,692.06
Anticipated crop nutrient removal	170.00	27.20	141.10	0.00
Actual crop nutrient removal	90.27	26.32	210.53	760.94
Nutrient balance	39.58	29.89	111.66	931.13
Applied to removed ratio	1.44	2.14	1.53	2.22

Fresh water applied
0.00 *gallons*
0.00 *acre-inches*
0.00 *inches/acre*

Process wastewater applied
0.00 *gallons*
0.00 *acre-inches*
0.00 *inches/acre*

Total harvests for the crop
1 *harvests*

2 - 05/23/2023: Corn, silage

Field name: 2 Crop: Corn, silage Plant date: 05/23/2023

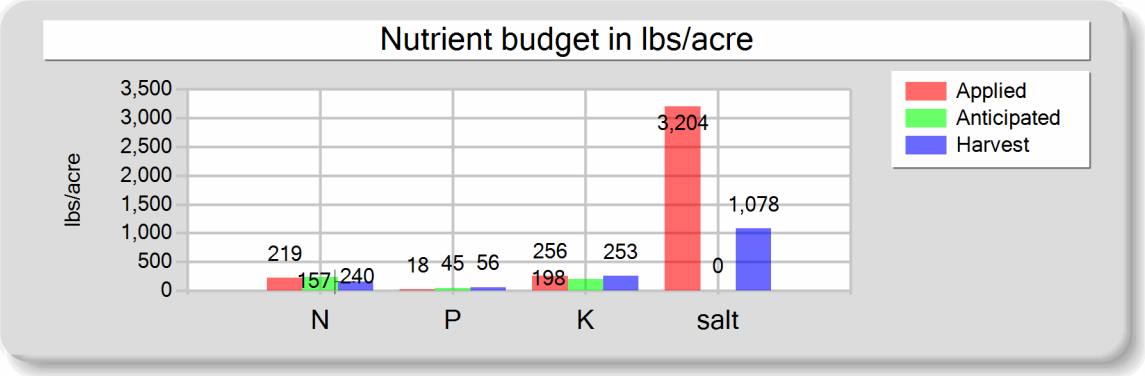

	Total N (lbs/acre)	Total P (lbs/acre)	Total K (lbs/acre)	Total salt (lbs/acre)
Existing soil nutrient content	0.00	0.00	0.00	0.00
Plowdown credit	0.00	0.00	0.00	0.00
Commercial fertilizer / Other	8.00	0.00	0.00	0.00
Dry manure	0.00	0.00	0.00	0.00
Process wastewater	156.04	17.61	255.64	1,345.73
Fresh water	47.64	0.00	0.00	1,857.80
Atmospheric deposition	7.00	0.00	0.00	0.00
Total nutrients applied	218.67	17.61	255.64	3,203.53
Anticipated crop nutrient removal	240.00	45.00	198.00	0.00
Actual crop nutrient removal	157.08	55.90	252.71	1,077.75
Nutrient balance	61.59	-38.30	2.93	2,125.78
Applied to removed ratio	1.39	0.31	1.01	2.97

Fresh water applied	
13,977,000.00	*gallons*
514.73	*acre-inches*
27.09	*inches/acre*

Process wastewater applied	
549,100.00	*gallons*
20.22	*acre-inches*
1.06	*inches/acre*

Total harvests for the crop	
1	*harvests*

5 - 11/01/2022: Oats, silage-soft dough

Field name: 5 Crop: Oats, silage-soft dough Plant date: 11/01/2022

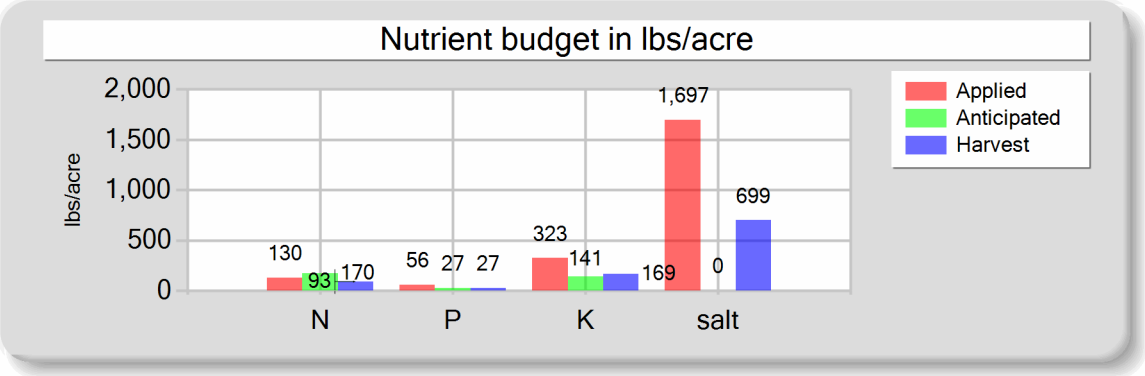

	Total N (lbs/acre)	Total P (lbs/acre)	Total K (lbs/acre)	Total salt (lbs/acre)
Existing soil nutrient content	0.00	0.00	0.00	0.00
Plowdown credit	0.00	0.00	0.00	0.00
Commercial fertilizer / Other	0.00	0.00	0.00	0.00
Dry manure	123.19	56.37	323.08	1,696.76
Process wastewater	0.00	0.00	0.00	0.00
Fresh water	0.00	0.00	0.00	0.00
Atmospheric deposition	7.00	0.00	0.00	0.00
Total nutrients applied	130.19	56.37	323.08	1,696.76
Anticipated crop nutrient removal	170.00	27.20	141.10	0.00
Actual crop nutrient removal	92.66	26.88	168.74	698.64
Nutrient balance	37.53	29.48	154.34	998.12
Applied to removed ratio	1.40	2.10	1.91	2.43

Fresh water applied
0.00 *gallons*
0.00 *acre-inches*
0.00 *inches/acre*

Process wastewater applied
0.00 *gallons*
0.00 *acre-inches*
0.00 *inches/acre*

Total harvests for the crop
1 *harvests*

5 - 06/16/2023: Corn, silage

Field name: 5 Crop: Corn, silage Plant date: 06/16/2023

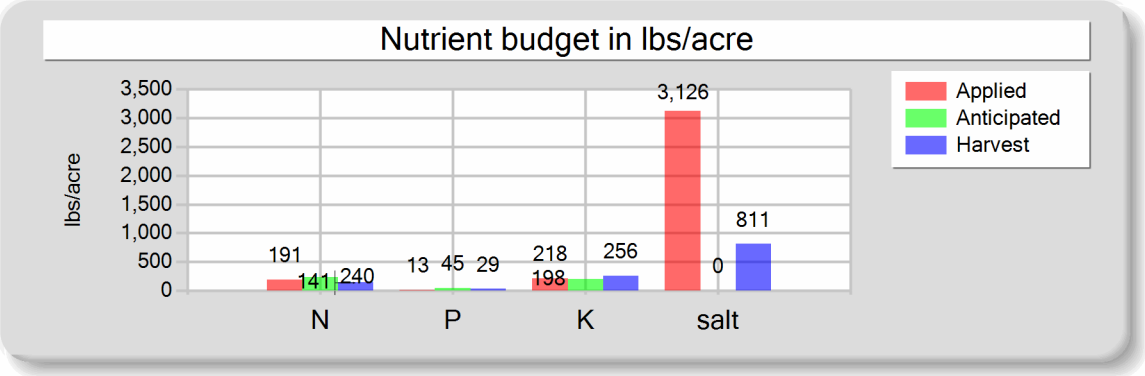

	Total N (lbs/acre)	Total P (lbs/acre)	Total K (lbs/acre)	Total salt (lbs/acre)
Existing soil nutrient content	0.00	0.00	0.00	0.00
Plowdown credit	0.00	0.00	0.00	0.00
Commercial fertilizer / Other	8.00	0.00	0.00	0.00
Dry manure	0.00	0.00	0.00	0.00
Process wastewater	143.41	13.05	217.94	1,413.67
Fresh water	33.02	0.00	0.00	1,711.84
Atmospheric deposition	7.00	0.00	0.00	0.00
Total nutrients applied	191.43	13.05	217.94	3,125.51
Anticipated crop nutrient removal	240.00	45.00	198.00	0.00
Actual crop nutrient removal	141.25	28.97	255.53	810.87
Nutrient balance	50.17	-15.92	-37.59	2,314.64
Applied to removed ratio	1.36	0.45	0.85	3.85

Fresh water applied	
18,042,000.00	*gallons*
664.43	*acre-inches*
27.68	*inches/acre*

Process wastewater applied	
651,550.00	*gallons*
23.99	*acre-inches*
1.00	*inches/acre*

Total harvests for the crop	
1	*harvests*

6 - 10/18/2022: Oats, silage-soft dough

Field name: 6 Crop: Oats, silage-soft dough Plant date: 10/18/2022

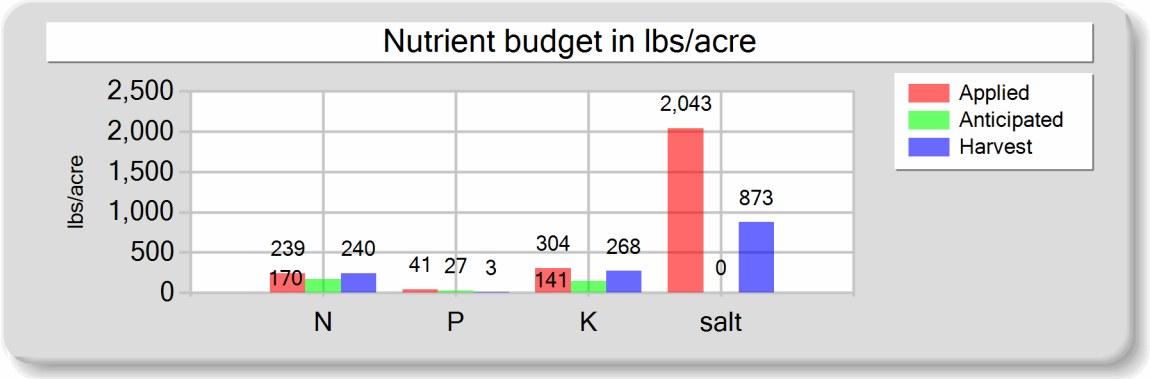

	Total N (lbs/acre)	Total P (lbs/acre)	Total K (lbs/acre)	Total salt (lbs/acre)
Existing soil nutrient content	0.00	0.00	0.00	0.00
Plowdown credit	0.00	0.00	0.00	0.00
Commercial fertilizer / Other	0.00	0.00	0.00	0.00
Dry manure	0.00	0.00	0.00	0.00
Process wastewater	231.56	40.56	304.34	2,042.69
Fresh water	0.00	0.00	0.00	0.00
Atmospheric deposition	7.00	0.00	0.00	0.00
Total nutrients applied	238.56	40.56	304.34	2,042.69
Anticipated crop nutrient removal	170.00	27.20	141.10	0.00
Actual crop nutrient removal	239.56	3.19	267.52	873.27
Nutrient balance	-1.00	37.38	36.82	1,169.41
Applied to removed ratio	1.00	12.73	1.14	2.34

Fresh water applied	
0.00	*gallons*
0.00	*acre-inches*
0.00	*inches/acre*

Process wastewater applied	
1,734,270.00	*gallons*
63.87	*acre-inches*
1.82	*inches/acre*

Total harvests for the crop	
1	*harvests*

6 - 06/27/2023: Corn, silage

Field name: 6 Crop: Corn, silage Plant date: 06/27/2023

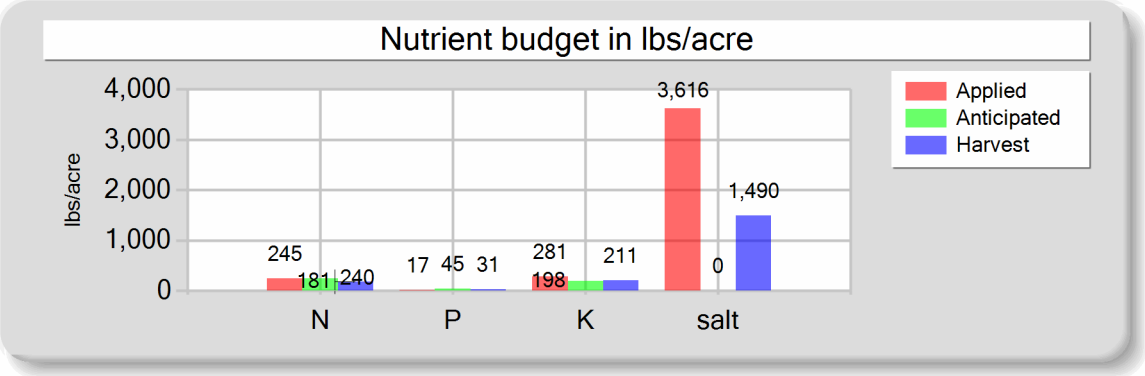

	Total N (lbs/acre)	Total P (lbs/acre)	Total K (lbs/acre)	Total salt (lbs/acre)
Existing soil nutrient content	0.00	0.00	0.00	0.00
Plowdown credit	0.00	0.00	0.00	0.00
Commercial fertilizer / Other	8.00	0.00	0.00	0.00
Dry manure	0.00	0.00	0.00	0.00
Process wastewater	184.60	16.80	280.54	1,819.74
Fresh water	45.83	0.00	0.00	1,796.73
Atmospheric deposition	7.00	0.00	0.00	0.00
Total nutrients applied	245.43	16.80	280.54	3,616.47
Anticipated crop nutrient removal	240.00	45.00	198.00	0.00
Actual crop nutrient removal	181.29	30.51	210.61	1,489.80
Nutrient balance	64.14	-13.72	69.94	2,126.66
Applied to removed ratio	1.35	0.55	1.33	2.43

Fresh water applied	
25,203,000.00	*gallons*
928.14	*acre-inches*
26.52	*inches/acre*

Process wastewater applied	
1,223,110.00	*gallons*
45.04	*acre-inches*
1.29	*inches/acre*

Total harvests for the crop	
1	*harvests*

7 - 10/18/2022: Oats, silage-soft dough

Field name: 7 Crop: Oats, silage-soft dough Plant date: 10/18/2022

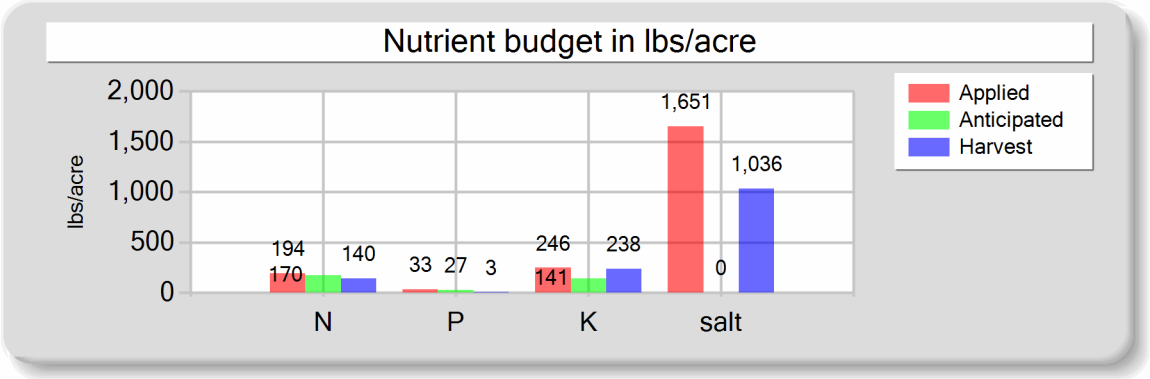

	Total N (lbs/acre)	Total P (lbs/acre)	Total K (lbs/acre)	Total salt (lbs/acre)
Existing soil nutrient content	0.00	0.00	0.00	0.00
Plowdown credit	0.00	0.00	0.00	0.00
Commercial fertilizer / Other	0.00	0.00	0.00	0.00
Dry manure	0.00	0.00	0.00	0.00
Process wastewater	187.13	32.78	245.94	1,650.76
Fresh water	0.00	0.00	0.00	0.00
Atmospheric deposition	7.00	0.00	0.00	0.00
Total nutrients applied	194.13	32.78	245.94	1,650.76
Anticipated crop nutrient removal	170.00	27.20	141.10	0.00
Actual crop nutrient removal	139.54	3.07	238.49	1,035.67
Nutrient balance	54.59	29.71	7.45	615.09
Applied to removed ratio	1.39	10.67	1.03	1.59

Fresh water applied
0.00 *gallons*
0.00 *acre-inches*
0.00 *inches/acre*

Process wastewater applied
1,201,300.00 *gallons*
44.24 *acre-inches*
1.47 *inches/acre*

Total harvests for the crop
1 *harvests*

7 - 06/07/2023: Corn, silage

Field name: 7 Crop: Corn, silage Plant date: 06/07/2023

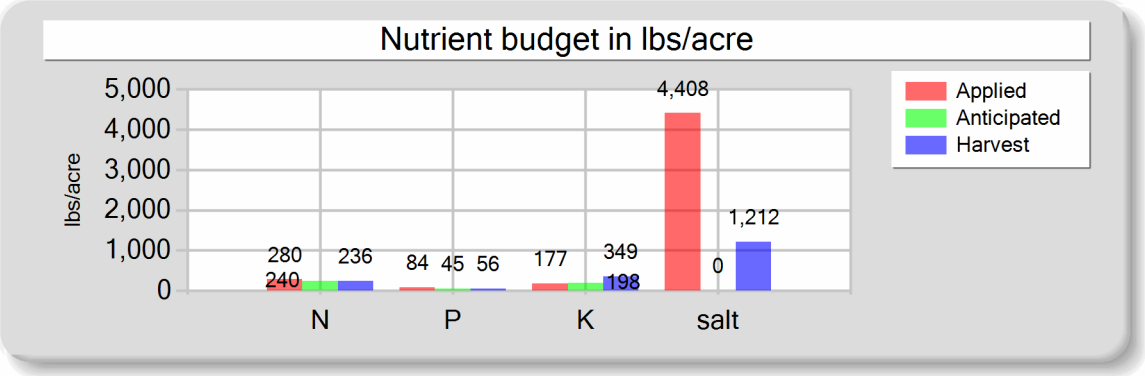

	Total N (lbs/acre)	Total P (lbs/acre)	Total K (lbs/acre)	Total salt (lbs/acre)
Existing soil nutrient content	0.00	0.00	0.00	0.00
Plowdown credit	0.00	0.00	0.00	0.00
Commercial fertilizer / Other	8.00	0.00	0.00	0.00
Dry manure	217.92	84.48	176.64	2,553.60
Process wastewater	0.00	0.00	0.00	0.00
Fresh water	47.48	0.00	0.00	1,854.12
Atmospheric deposition	7.00	0.00	0.00	0.00
Total nutrients applied	280.40	84.48	176.64	4,407.72
Anticipated crop nutrient removal	240.00	45.00	198.00	0.00
Actual crop nutrient removal	235.60	56.27	348.77	1,212.02
Nutrient balance	44.80	28.21	-172.13	3,195.69
Applied to removed ratio	1.19	1.50	0.51	3.64

Fresh water applied	
22,218,000.00	*gallons*
818.21	*acre-inches*
27.27	*inches/acre*

Process wastewater applied	
0.00	*gallons*
0.00	*acre-inches*
0.00	*inches/acre*

Total harvests for the crop	
1	*harvests*

8 - 10/18/2022: Oats, silage-soft dough

Field name: 8 Crop: Oats, silage-soft dough Plant date: 10/18/2022

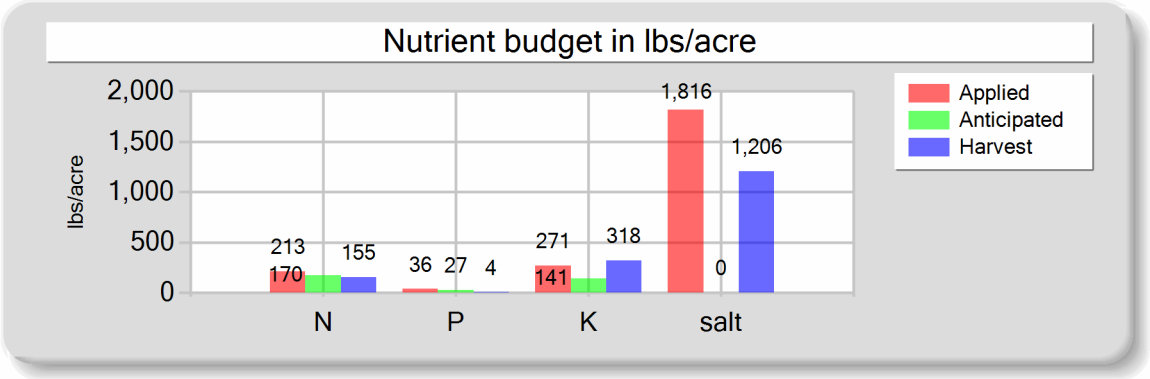

	Total N (lbs/acre)	Total P (lbs/acre)	Total K (lbs/acre)	Total salt (lbs/acre)
Existing soil nutrient content	0.00	0.00	0.00	0.00
Plowdown credit	0.00	0.00	0.00	0.00
Commercial fertilizer / Other	0.00	0.00	0.00	0.00
Dry manure	0.00	0.00	0.00	0.00
Process wastewater	205.89	36.07	270.60	1,816.24
Fresh water	0.00	0.00	0.00	0.00
Atmospheric deposition	7.00	0.00	0.00	0.00
Total nutrients applied	212.89	36.07	270.60	1,816.24
Anticipated crop nutrient removal	170.00	27.20	141.10	0.00
Actual crop nutrient removal	154.80	4.15	317.85	1,206.18
Nutrient balance	58.09	31.92	-47.25	610.07
Applied to removed ratio	1.38	8.69	0.85	1.51

Fresh water applied	
0.00	*gallons*
0.00	*acre-inches*
0.00	*inches/acre*

Process wastewater applied	
1,101,440.00	*gallons*
40.56	*acre-inches*
1.62	*inches/acre*

Total harvests for the crop	
1	*harvests*

8 - 06/27/2023: Corn, silage

Field name: 8 Crop: Corn, silage Plant date: 06/27/2023

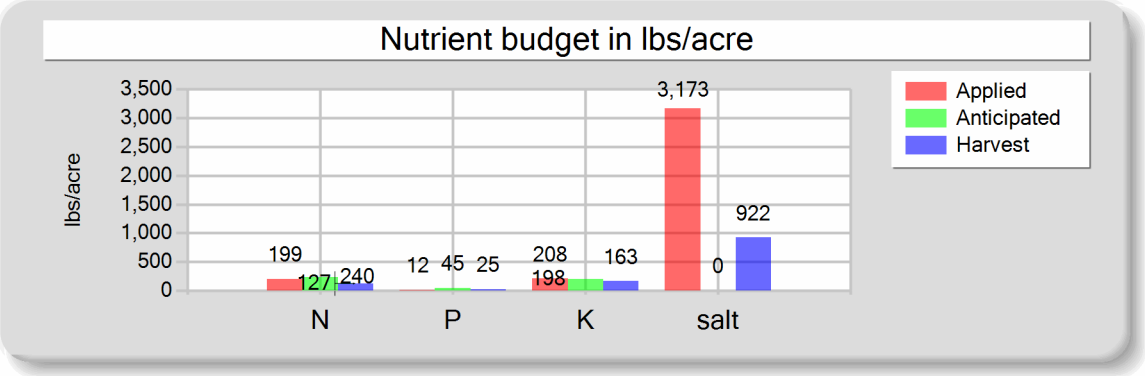

	Total N (lbs/acre)	Total P (lbs/acre)	Total K (lbs/acre)	Total salt (lbs/acre)
Existing soil nutrient content	0.00	0.00	0.00	0.00
Plowdown credit	0.00	0.00	0.00	0.00
Commercial fertilizer / Other	8.00	0.00	0.00	0.00
Dry manure	0.00	0.00	0.00	0.00
Process wastewater	137.05	12.47	208.28	1,350.98
Fresh water	47.01	0.00	0.00	1,821.85
Atmospheric deposition	7.00	0.00	0.00	0.00
Total nutrients applied	199.06	12.47	208.28	3,172.82
Anticipated crop nutrient removal	240.00	45.00	198.00	0.00
Actual crop nutrient removal	127.49	24.58	162.82	921.60
Nutrient balance	71.57	-12.11	45.46	2,251.22
Applied to removed ratio	1.56	0.51	1.28	3.44

Fresh water applied	
18,060,000.00	*gallons*
665.09	*acre-inches*
26.60	*inches/acre*

Process wastewater applied	
648,600.00	*gallons*
23.89	*acre-inches*
0.96	*inches/acre*

Total harvests for the crop	
1	*harvests*

9 - 11/02/2022: Oats, silage-soft dough

Field name: 9 Crop: Oats, silage-soft dough Plant date: 11/02/2022

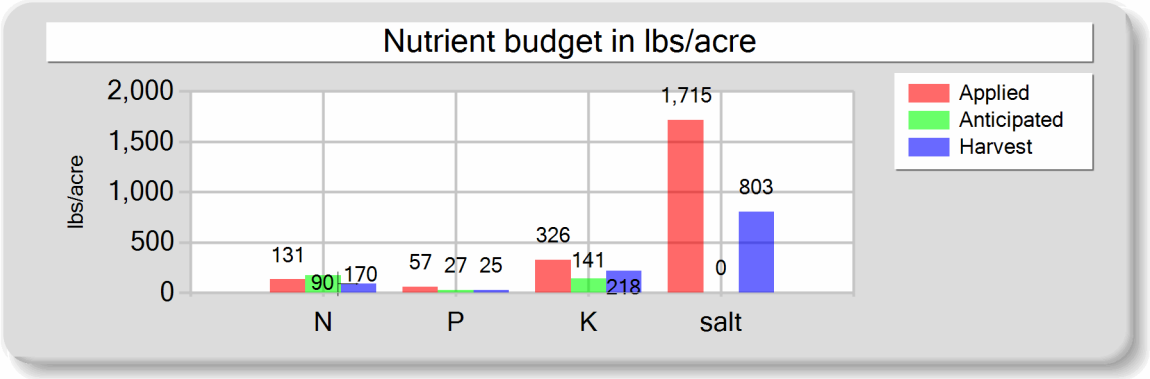

	Total N (lbs/acre)	Total P (lbs/acre)	Total K (lbs/acre)	Total salt (lbs/acre)
Existing soil nutrient content	0.00	0.00	0.00	0.00
Plowdown credit	0.00	0.00	0.00	0.00
Commercial fertilizer / Other	0.00	0.00	0.00	0.00
Dry manure	124.49	56.96	326.48	1,714.62
Process wastewater	0.00	0.00	0.00	0.00
Fresh water	0.00	0.00	0.00	0.00
Atmospheric deposition	7.00	0.00	0.00	0.00
Total nutrients applied	131.49	56.96	326.48	1,714.62
Anticipated crop nutrient removal	170.00	27.20	141.10	0.00
Actual crop nutrient removal	90.00	25.33	217.54	802.78
Nutrient balance	41.49	31.63	108.94	911.84
Applied to removed ratio	1.46	2.25	1.50	2.14

Fresh water applied
0.00 *gallons*
0.00 *acre-inches*
0.00 *inches/acre*

Process wastewater applied
0.00 *gallons*
0.00 *acre-inches*
0.00 *inches/acre*

Total harvests for the crop
1 *harvests*

9 - 06/12/2023: Corn, silage

Field name: 9 Crop: Corn, silage Plant date: 06/12/2023

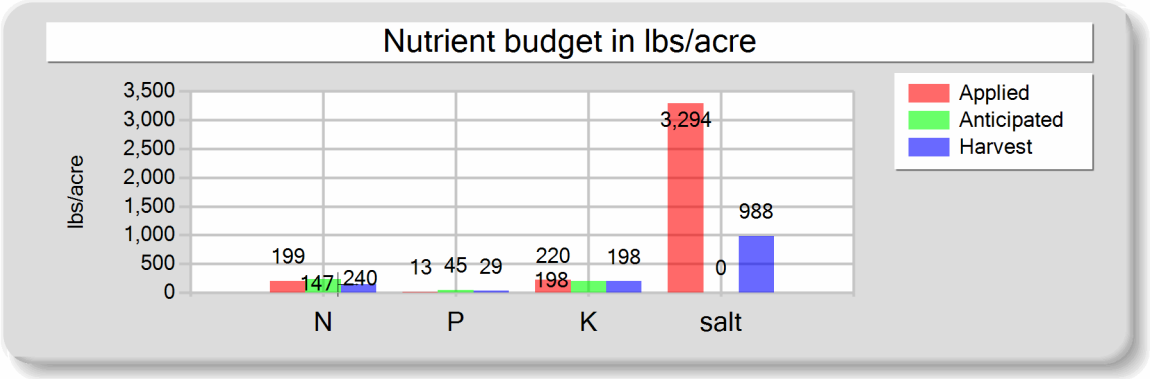

	Total N (lbs/acre)	Total P (lbs/acre)	Total K (lbs/acre)	Total salt (lbs/acre)
Existing soil nutrient content	0.00	0.00	0.00	0.00
Plowdown credit	0.00	0.00	0.00	0.00
Commercial fertilizer / Other	8.00	0.00	0.00	0.00
Dry manure	0.00	0.00	0.00	0.00
Process wastewater	144.45	13.14	219.52	1,423.91
Fresh water	40.04	0.00	0.00	1,869.78
Atmospheric deposition	7.00	0.00	0.00	0.00
Total nutrients applied	199.48	13.14	219.52	3,293.69
Anticipated crop nutrient removal	240.00	45.00	198.00	0.00
Actual crop nutrient removal	146.80	29.36	198.00	987.73
Nutrient balance	52.68	-16.22	21.52	2,305.97
Applied to removed ratio	1.36	0.45	1.11	3.33

Fresh water applied	
24,000,000.00	*gallons*
883.84	*acre-inches*
29.46	*inches/acre*

Process wastewater applied	
820,340.00	*gallons*
30.21	*acre-inches*
1.01	*inches/acre*

Total harvests for the crop	
1	*harvests*

D2-1 - 02/01/2022: Almond, in shell

Field name: D2-1 Crop: Almond, in shell Plant date: 02/01/2022

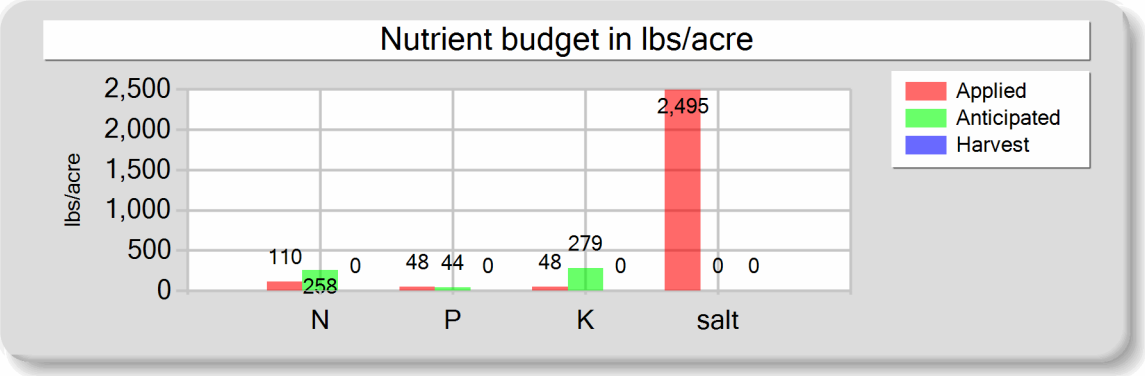

	Total N (lbs/acre)	Total P (lbs/acre)	Total K (lbs/acre)	Total salt (lbs/acre)
Existing soil nutrient content	0.00	0.00	0.00	0.00
Plowdown credit	0.00	0.00	0.00	0.00
Commercial fertilizer / Other	48.00	48.00	48.00	0.00
Dry manure	0.00	0.00	0.00	0.00
Process wastewater	0.00	0.00	0.00	0.00
Fresh water	47.94	0.00	0.00	2,495.05
Atmospheric deposition	14.00	0.00	0.00	0.00
Total nutrients applied	109.94	48.00	48.00	2,495.05
Anticipated crop nutrient removal	258.00	43.80	279.00	0.00
Actual crop nutrient removal	0.00	0.00	0.00	0.00
Nutrient balance	109.94	48.00	48.00	2,495.05
Applied to removed ratio	0.00	0.00	0.00	0.00

Fresh water applied	
25,795,000.00	*gallons*
949.94	*acre-inches*
43.18	*inches/acre*

Process wastewater applied	
0.00	*gallons*
0.00	*acre-inches*
0.00	*inches/acre*

Total harvests for the crop	
1	*harvests*

D2-3 - 11/04/2022: Oats, silage-soft dough

Field name: D2-3 Crop: Oats, silage-soft dough Plant date: 11/04/2022

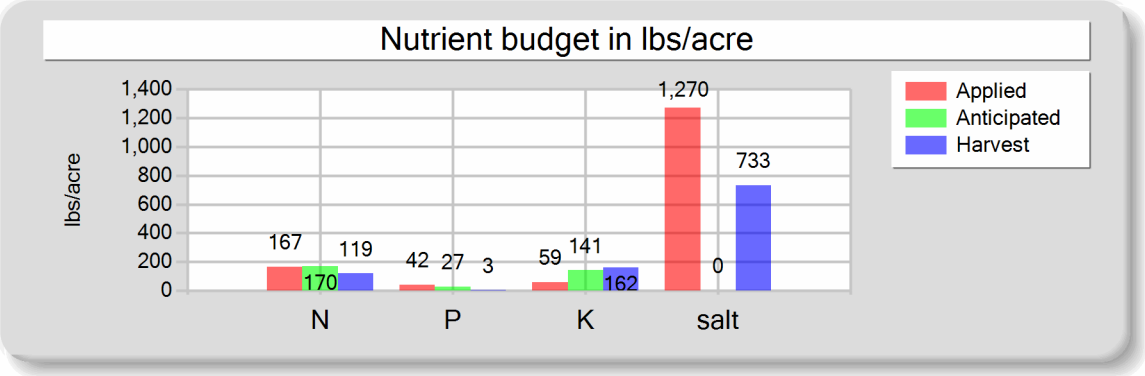

	Total N (lbs/acre)	Total P (lbs/acre)	Total K (lbs/acre)	Total salt (lbs/acre)
Existing soil nutrient content	0.00	0.00	0.00	0.00
Plowdown credit	0.00	0.00	0.00	0.00
Commercial fertilizer / Other	0.00	0.00	0.00	0.00
Dry manure	159.88	42.48	59.20	1,270.36
Process wastewater	0.00	0.00	0.00	0.00
Fresh water	0.00	0.00	0.00	0.00
Atmospheric deposition	7.00	0.00	0.00	0.00
Total nutrients applied	166.88	42.48	59.20	1,270.36
Anticipated crop nutrient removal	170.00	27.20	141.10	0.00
Actual crop nutrient removal	119.28	2.95	162.16	733.02
Nutrient balance	47.60	39.52	-102.97	537.34
Applied to removed ratio	1.40	14.38	0.37	1.73

Fresh water applied
0.00 *gallons*
0.00 *acre-inches*
0.00 *inches/acre*

Process wastewater applied
0.00 *gallons*
0.00 *acre-inches*
0.00 *inches/acre*

Total harvests for the crop
1 *harvests*

D2-3 - 05/23/2023: Corn, silage

Field name: D2-3 Crop: Corn, silage Plant date: 05/23/2023

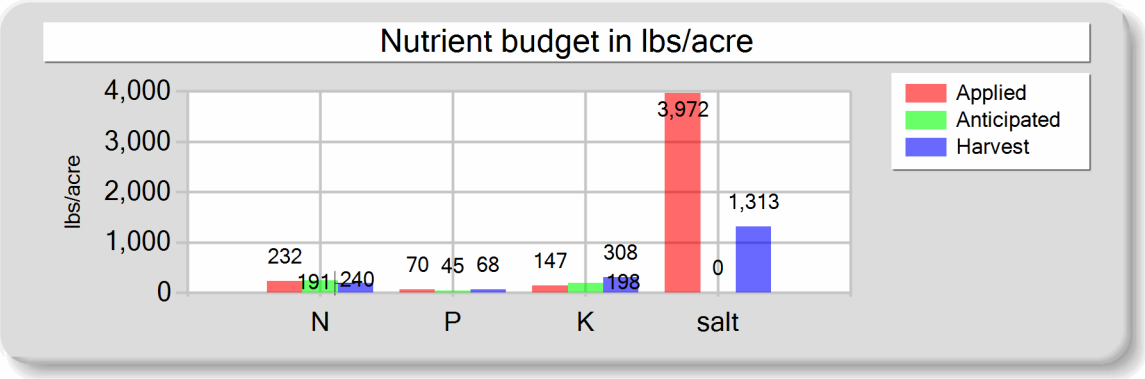

	Total N (lbs/acre)	Total P (lbs/acre)	Total K (lbs/acre)	Total salt (lbs/acre)
Existing soil nutrient content	0.00	0.00	0.00	0.00
Plowdown credit	0.00	0.00	0.00	0.00
Commercial fertilizer / Other	8.00	0.00	0.00	0.00
Dry manure	181.60	70.40	147.20	2,128.00
Process wastewater	0.00	0.00	0.00	0.00
Fresh water	35.42	0.00	0.00	1,843.51
Atmospheric deposition	7.00	0.00	0.00	0.00
Total nutrients applied	232.02	70.40	147.20	3,971.51
Anticipated crop nutrient removal	240.00	45.00	198.00	0.00
Actual crop nutrient removal	191.31	68.08	307.78	1,312.61
Nutrient balance	40.72	2.32	-160.58	2,658.91
Applied to removed ratio	1.21	1.03	0.48	3.03

Fresh water applied	
53,712,000.00	*gallons*
1,978.03	*acre-inches*
31.90	*inches/acre*

Process wastewater applied	
0.00	*gallons*
0.00	*acre-inches*
0.00	*inches/acre*

Total harvests for the crop	
1	*harvests*

D2-4 - 02/10/2011: Almond, in shell

Field name: D2-4 Crop: Almond, in shell Plant date: 02/10/2011

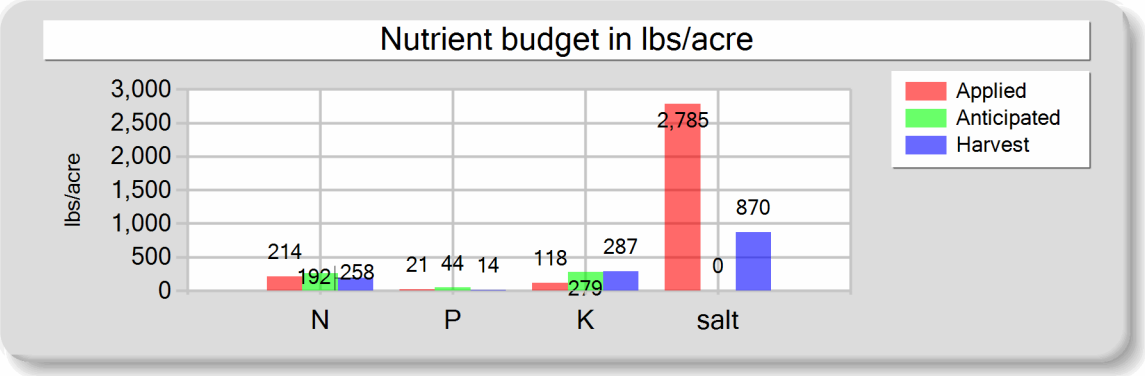

	Total N (lbs/acre)	Total P (lbs/acre)	Total K (lbs/acre)	Total salt (lbs/acre)
Existing soil nutrient content	0.00	0.00	0.00	0.00
Plowdown credit	0.00	0.00	0.00	0.00
Commercial fertilizer / Other	112.90	0.00	0.00	0.00
Dry manure	45.07	20.62	118.21	620.81
Process wastewater	0.00	0.00	0.00	0.00
Fresh water	41.59	0.00	0.00	2,164.15
Atmospheric deposition	14.00	0.00	0.00	0.00
Total nutrients applied	213.56	20.62	118.21	2,784.96
Anticipated crop nutrient removal	258.00	43.80	279.00	0.00
Actual crop nutrient removal	191.52	13.68	287.28	869.65
Nutrient balance	22.04	6.94	-169.07	1,915.31
Applied to removed ratio	1.12	1.51	0.41	3.20

Fresh water applied	
29,493,000.00	*gallons*
1,086.13	*acre-inches*
37.45	*inches/acre*

Process wastewater applied	
0.00	*gallons*
0.00	*acre-inches*
0.00	*inches/acre*

Total harvests for the crop	
1	*harvests*

NUTRIENT ANALYSES

A. MANURE ANALYSES

2022 Corral Solids

Sample and source description: 2022 Corral Solids

Sample date: 09/12/2022 Material type: Corral solids Source of analysis: Lab analysis Method of reporting: Dry-weight

Moisture: 63.3 %

	Total N (mg/kg)	Total P (mg/kg)	Total K (mg/kg)	Calcium (mg/kg)	Magnesium (mg/kg)	Sodium (mg/kg)	Sulfur (mg/kg)	Chloride (mg/kg)	Total salt (mg/kg)	TFS (%)
Value	21,200.00	9,700.00	55,600.00	26,100.00	8,790.00	5,720.00	12,300.00	1,820.00		29.20
DL	100.00	100.00	100.00	100.00	100.00	100.00	100.00	100.00		0.01

2022 Settling Basin

Sample and source description: 2022 Settling Basin

Sample date: 09/12/2022 Material type: Separator solids Source of analysis: Lab analysis Method of reporting: Dry-weight

Moisture: 71.5 %

	Total N (mg/kg)	Total P (mg/kg)	Total K (mg/kg)	Calcium (mg/kg)	Magnesium (mg/kg)	Sodium (mg/kg)	Sulfur (mg/kg)	Chloride (mg/kg)	Total salt (mg/kg)	TFS (%)
Value	37,000.00	9,830.00	13,700.00							29.40
DL	100.00	100.00	100.00							0.01

Spring Corral Solids

Sample and source description: Spring Corral Solids

Sample date: 04/17/2023 Material type: Corral solids Source of analysis: Lab analysis Method of reporting: Dry-weight

Moisture: 38.4 %

	Total N (mg/kg)	Total P (mg/kg)	Total K (mg/kg)	Calcium (mg/kg)	Magnesium (mg/kg)	Sodium (mg/kg)	Sulfur (mg/kg)	Chloride (mg/kg)	Total salt (mg/kg)	TFS (%)
Value	16,000.00	6,900.00	33,300.00	11,900.00	7,200.00	5,000.00	4,800.00	2,190.00		62.70
DL	100.00	100.00	100.00	100.00	100.00	100.00	100.00	100.00		0.01

Spring Settling Basin

Sample and source description: Spring Settling Basin

Sample date: 04/17/2023 Material type: Separator solids Source of analysis: Lab analysis Method of reporting: Dry-weight

Moisture: 60.0 %

	Total N (mg/kg)	Total P (mg/kg)	Total K (mg/kg)	Calcium (mg/kg)	Magnesium (mg/kg)	Sodium (mg/kg)	Sulfur (mg/kg)	Chloride (mg/kg)	Total salt (mg/kg)	TFS (%)
Value	22,700.00	8,800.00	18,400.00							26.60
DL	100.00	100.00	100.00							0.01

Fall Corral Solids

Sample and source description: Fall Corral Solids

Sample date: 10/09/2023 Material type: Corral solids Source of analysis: Lab analysis Method of reporting: Dry-weight

Moisture: 57.0 %

	Total N (mg/kg)	Total P (mg/kg)	Total K (mg/kg)	Calcium (mg/kg)	Magnesium (mg/kg)	Sodium (mg/kg)	Sulfur (mg/kg)	Chloride (mg/kg)	Total salt (mg/kg)	TFS (%)
Value	20,100.00	5,650.00	32,900.00							28.90
DL	100.00	100.00	100.00							0.01

Fall Heifer Corrals

Sample and source description: Fall Heifer Corrals

Sample date: 10/09/2023 Material type: Corral solids Source of analysis: Lab analysis Method of reporting: Dry-weight

Moisture: 42.7 %

	Total N (mg/kg)	Total P (mg/kg)	Total K (mg/kg)	Calcium (mg/kg)	Magnesium (mg/kg)	Sodium (mg/kg)	Sulfur (mg/kg)	Chloride (mg/kg)	Total salt (mg/kg)	TFS (%)
Value	17,300.00	4,350.00	30,200.00							49.80
DL	100.00	100.00	100.00							0.01

Fall Settling Basin

Sample and source description: Fall Settling Basin

Sample date: 10/09/2023 Material type: Separator solids Source of analysis: Lab analysis Method of reporting: Dry-weight

Moisture: 42.3 %

	Total N (mg/kg)	Total P (mg/kg)	Total K (mg/kg)	Calcium (mg/kg)	Magnesium (mg/kg)	Sodium (mg/kg)	Sulfur (mg/kg)	Chloride (mg/kg)	Total salt (mg/kg)	TFS (%)
Value	16,100.00	4,350.00	28,700.00							39.30
DL	100.00	100.00	100.00							0.01

B. PROCESS WASTEWATER ANALYSES

2022 WWSQ4

Sample and source description: 2022 WWSQ4

Sample date: 10/24/2022 Material type: Process wastewater Source of analysis: Lab analysis pH:

	Kjeldahl-N (mg/L)	NH4-N (mg/L)	NH3-N (mg/L)	Nitrate-N (mg/L)	Total P (mg/L)	Total K (mg/L)	Calcium (mg/L)	Magnes. (mg/L)	Sodium (mg/L)	Bicarb. (mg/L)	Carb. (mg/L)	Sulfate (mg/L)	Chloride (mg/L)	EC (µmhos/cm)	TDS (mg/L)
Value	522.00	367.00	0.00	0.00	46.40	953.00								7,040.00	8,000
DL	0.50	0.50	0.50	0.50	0.50	0.50								1.00	10

2022 WWSQ4 Heifer

Sample and source description: 2022 WWSQ4 Heifer

Sample date: 10/24/2022 Material type: Process wastewater Source of analysis: Lab analysis pH:

	Kjeldahl-N (mg/L)	NH4-N (mg/L)	NH3-N (mg/L)	Nitrate-N (mg/L)	Total P (mg/L)	Total K (mg/L)	Calcium (mg/L)	Magnes. (mg/L)	Sodium (mg/L)	Bicarb. (mg/L)	Carb. (mg/L)	Sulfate (mg/L)	Chloride (mg/L)	EC (µmhos/cm)	TDS (mg/L)
Value	256.00	147.00	0.00	0.00	36.00	1,110.00								6,390.00	4,500
DL	0.50	0.50	0.50	0.50	0.50	0.50								1.00	10

WWSQ1

Sample and source description: WWSQ1

Sample date: 02/21/2023 Material type: Process wastewater Source of analysis: Lab analysis pH: _____

	Kjeldahl-N (mg/L)	NH4-N (mg/L)	NH3-N (mg/L)	Nitrate-N (mg/L)	Total P (mg/L)	Total K (mg/L)	Calcium (mg/L)	Magnes. (mg/L)	Sodium (mg/L)	Bicarb. (mg/L)	Carb. (mg/L)	Sulfate (mg/L)	Chloride (mg/L)	EC (µmhos/cm)	TDS (mg/L)
Value	560.00	280.00	0.00	0.00	98.10	736.00	203.00	111.00	153.00	2,700.00	0.00	402.00	313.00	5,810.00	4,940
DL	0.50	0.50	0.50	0.50	0.50	0.50	0.50	0.50	0.50	0.50	0.50	0.50	0.50	1.00	10

WWSQ1 Heifer

Sample and source description: WWSQ1 Heifer

Sample date: 02/21/2023 Material type: Process wastewater Source of analysis: Lab analysis pH: _____

	Kjeldahl-N (mg/L)	NH4-N (mg/L)	NH3-N (mg/L)	Nitrate-N (mg/L)	Total P (mg/L)	Total K (mg/L)	Calcium (mg/L)	Magnes. (mg/L)	Sodium (mg/L)	Bicarb. (mg/L)	Carb. (mg/L)	Sulfate (mg/L)	Chloride (mg/L)	EC (µmhos/cm)	TDS (mg/L)
Value	134.00	78.40	0.00	0.00	70.10	579.00	108.00	53.50	86.60	1,120.00	0.00	186.00	247.00	3,200.00	2,560
DL	0.50	0.50	0.50	0.50	0.50	0.50	0.50	0.50	0.50	0.50	0.50	0.50	0.50	1.00	10

WWSQ2

Sample and source description: WWSQ2

Sample date: 04/10/2023 Material type: Process wastewater Source of analysis: Lab analysis pH: _____

	Kjeldahl-N (mg/L)	NH4-N (mg/L)	NH3-N (mg/L)	Nitrate-N (mg/L)	Total P (mg/L)	Total K (mg/L)	Calcium (mg/L)	Magnes. (mg/L)	Sodium (mg/L)	Bicarb. (mg/L)	Carb. (mg/L)	Sulfate (mg/L)	Chloride (mg/L)	EC (µmhos/cm)	TDS (mg/L)
Value	647.00	350.00	0.00	0.00	73.00	1,060.00								7,140.00	5,580
DL	0.50	0.50	0.50	0.50	0.50	0.50								1.00	10

WWSQ2 Heifer

Sample and source description: WWSQ2 Heifer

Sample date: 04/10/2023 Material type: Process wastewater Source of analysis: Lab analysis pH: _____

	Kjeldahl-N (mg/L)	NH4-N (mg/L)	NH3-N (mg/L)	Nitrate-N (mg/L)	Total P (mg/L)	Total K (mg/L)	Calcium (mg/L)	Magnes. (mg/L)	Sodium (mg/L)	Bicarb. (mg/L)	Carb. (mg/L)	Sulfate (mg/L)	Chloride (mg/L)	EC (µmhos/cm)	TDS (mg/L)
Value	619.00	297.00	0.00	0.00	28.20	342.00								7,930.00	6,360
DL	0.50	0.50	0.50	0.50	0.50	0.50								1.00	10

WWSQ3

Sample and source description: WWSQ3

Sample date: 07/26/2023 Material type: Process wastewater Source of analysis: Lab analysis pH:

	Kjeldahl-N (mg/L)	NH4-N (mg/L)	NH3-N (mg/L)	Nitrate-N (mg/L)	Total P (mg/L)	Total K (mg/L)	Calcium (mg/L)	Magnes. (mg/L)	Sodium (mg/L)	Bicarb. (mg/L)	Carb. (mg/L)	Sulfate (mg/L)	Chloride (mg/L)	EC (µmhos/cm)	TDS (mg/L)
Value	633.00	409.00	0.00	0.00	57.60	962.00								7,850.00	6,240
DL	0.50	0.50	0.50	0.50	0.50	0.50								1.00	10

WWSQ3 Heifer

Sample and source description: WWSQ3 Heifer

Sample date: 07/26/2023 Material type: Process wastewater Source of analysis: Lab analysis pH:

	Kjeldahl-N (mg/L)	NH4-N (mg/L)	NH3-N (mg/L)	Nitrate-N (mg/L)	Total P (mg/L)	Total K (mg/L)	Calcium (mg/L)	Magnes. (mg/L)	Sodium (mg/L)	Bicarb. (mg/L)	Carb. (mg/L)	Sulfate (mg/L)	Chloride (mg/L)	EC (µmhos/cm)	TDS (mg/L)
Value	577.00	431.00	0.00	0.00	46.30	936.00								8,600.00	5,520
DL	0.50	0.50	0.50	0.50	0.50	0.50								1.00	10

WWSQ4

Sample and source description: WWSQ4

Sample date: 10/30/2023 Material type: Process wastewater Source of analysis: Lab analysis pH:

	Kjeldahl-N (mg/L)	NH4-N (mg/L)	NH3-N (mg/L)	Nitrate-N (mg/L)	Total P (mg/L)	Total K (mg/L)	Calcium (mg/L)	Magnes. (mg/L)	Sodium (mg/L)	Bicarb. (mg/L)	Carb. (mg/L)	Sulfate (mg/L)	Chloride (mg/L)	EC (µmhos/cm)	TDS (mg/L)
Value	669.00	442.00	0.00	0.00	54.20	1,070.00								8,250.00	6,120
DL	0.50	0.50	0.50	0.50	0.50	0.50								1.00	10

WWSQ4 Heifer

Sample and source description: WWSQ4 Heifer

Sample date: 10/30/2023 Material type: Process wastewater Source of analysis: Lab analysis pH:

	Kjeldahl-N (mg/L)	NH4-N (mg/L)	NH3-N (mg/L)	Nitrate-N (mg/L)	Total P (mg/L)	Total K (mg/L)	Calcium (mg/L)	Magnes. (mg/L)	Sodium (mg/L)	Bicarb. (mg/L)	Carb. (mg/L)	Sulfate (mg/L)	Chloride (mg/L)	EC (µmhos/cm)	TDS (mg/L)
Value	2,235.00	101.00	0.00	0.00	71.50	570.00								3,360.00	3,040
DL	0.50	0.50	0.50	0.50	0.50	0.50								1.00	10

C. FRESH WATER ANALYSES

Irrigation Well

IW 1

Sample description: IW 1

Sample date: 09/21/2023 Source of analysis: Lab analysis

	Total N (mg/L)	NH4-N (mg/L)	Nitrate-N (mg/L)	Calcium (mg/L)	Magnesium (mg/L)	Sodium (mg/L)	Bicarbonate (mg/L)	Carbonate (mg/L)	Sulfate (mg/L)	Chloride (mg/L)	EC (µmhos/cm)	TDS (mg/L)
Value	7.76	0.00	7.76								475.00	300
DL	0.50	0.50	0.50								1.00	10

IW 2

Sample description: IW 2

Sample date: 09/21/2023 Source of analysis: Lab analysis

	Total N (mg/L)	NH4-N (mg/L)	Nitrate-N (mg/L)	Calcium (mg/L)	Magnesium (mg/L)	Sodium (mg/L)	Bicarbonate (mg/L)	Carbonate (mg/L)	Sulfate (mg/L)	Chloride (mg/L)	EC (µmhos/cm)	TDS (mg/L)
Value	5.04	0.00	5.00								381.00	270
DL	0.50	0.50	0.50								1.00	10

IW 3

Sample description: IW 3

Sample date: 09/21/2023 Source of analysis: Lab analysis

	Total N (mg/L)	NH4-N (mg/L)	Nitrate-N (mg/L)	Calcium (mg/L)	Magnesium (mg/L)	Sodium (mg/L)	Bicarbonate (mg/L)	Carbonate (mg/L)	Sulfate (mg/L)	Chloride (mg/L)	EC (µmhos/cm)	TDS (mg/L)
Value	7.76	0.00	7.70								465.00	305
DL	0.50	0.50	0.50								1.00	10

Irrigation Well

IW 4

Sample description: IW 4

Sample date: 09/21/2023 Source of analysis: Lab analysis

	Total N (mg/L)	NH4-N (mg/L)	Nitrate-N (mg/L)	Calcium (mg/L)	Magnesium (mg/L)	Sodium (mg/L)	Bicarbonate (mg/L)	Carbonate (mg/L)	Sulfate (mg/L)	Chloride (mg/L)	EC (µmhos/cm)	TDS (mg/L)
Value	8.38	0.00	8.20								479.00	330
DL	0.50	0.50	0.50								1.00	10

IW 5

Sample description: IW 5

Sample date: 09/21/2023 Source of analysis: Lab analysis

	Total N (mg/L)	NH4-N (mg/L)	Nitrate-N (mg/L)	Calcium (mg/L)	Magnesium (mg/L)	Sodium (mg/L)	Bicarbonate (mg/L)	Carbonate (mg/L)	Sulfate (mg/L)	Chloride (mg/L)	EC (µmhos/cm)	TDS (mg/L)
Value	6.32	0.00	6.30								414.00	265
DL	0.50	0.50	0.50								1.00	10

IW 6

Sample description: IW 6

Sample date: 09/21/2023 Source of analysis: Lab analysis

	Total N (mg/L)	NH4-N (mg/L)	Nitrate-N (mg/L)	Calcium (mg/L)	Magnesium (mg/L)	Sodium (mg/L)	Bicarbonate (mg/L)	Carbonate (mg/L)	Sulfate (mg/L)	Chloride (mg/L)	EC (µmhos/cm)	TDS (mg/L)
Value	8.13	0.00	8.10								475.00	300
DL	0.50	0.50	0.50								1.00	10

Irrigation Well

IW 7

Sample description: IW 7

Sample date: 09/21/2023 Source of analysis: Lab analysis

	Total N (mg/L)	NH4-N (mg/L)	Nitrate-N (mg/L)	Calcium (mg/L)	Magnesium (mg/L)	Sodium (mg/L)	Bicarbonate (mg/L)	Carbonate (mg/L)	Sulfate (mg/L)	Chloride (mg/L)	EC (µmhos/cm)	TDS (mg/L)
Value	4.41	0.00	4.40								347.00	230
DL	0.50	0.50	0.50								1.00	10

IW DR-1

Sample description: IW DR-1

Sample date: 09/21/2023 Source of analysis: Lab analysis

	Total N (mg/L)	NH4-N (mg/L)	Nitrate-N (mg/L)	Calcium (mg/L)	Magnesium (mg/L)	Sodium (mg/L)	Bicarbonate (mg/L)	Carbonate (mg/L)	Sulfate (mg/L)	Chloride (mg/L)	EC (µmhos/cm)	TDS (mg/L)
Value	4.90	0.00	4.90								368.00	255
DL	0.50	0.50	0.50								1.00	10

D. SOIL ANALYSES

1

Soil

Sample and source description: Soil

Sample date: 12/15/2023 Source of analysis: Lab analysis

	Nitrate-N (mg/kg)	Total P (mg/kg)	Soluble P (mg/kg)	K (mg/kg)	EC (µmhos/cm)	Organic matter (%)	Total salt (mg/kg)
Value			68.00				
DL			4.00				

10

10

Soil

Sample and source description: Soil

Sample date: 12/15/2023 Source of analysis: Lab analysis

	Nitrate-N (mg/kg)	Total P (mg/kg)	Soluble P (mg/kg)	K (mg/kg)	EC (µmhos/cm)	Organic matter (%)	Total salt (mg/kg)
Value			75.00				
DL			4.00				

11

Soil

Sample and source description: Soil

Sample date: 12/15/2023 Source of analysis: Lab analysis

	Nitrate-N (mg/kg)	Total P (mg/kg)	Soluble P (mg/kg)	K (mg/kg)	EC (µmhos/cm)	Organic matter (%)	Total salt (mg/kg)
Value			28.00				
DL			4.00				

12

Soil

Sample and source description: Soil

Sample date: 12/15/2023 Source of analysis: Lab analysis

	Nitrate-N (mg/kg)	Total P (mg/kg)	Soluble P (mg/kg)	K (mg/kg)	EC (µmhos/cm)	Organic matter (%)	Total salt (mg/kg)
Value			71.00				
DL			4.00				

14

14

Soil

Sample and source description: Soil

Sample date: 12/15/2023 Source of analysis: Lab analysis

	Nitrate-N (mg/kg)	Total P (mg/kg)	Soluble P (mg/kg)	K (mg/kg)	EC (µmhos/cm)	Organic matter (%)	Total salt (mg/kg)
Value			38.00				
DL			4.00				

15

Soil

Sample and source description: Soil

Sample date: 12/15/2023 Source of analysis: Lab analysis

	Nitrate-N (mg/kg)	Total P (mg/kg)	Soluble P (mg/kg)	K (mg/kg)	EC (µmhos/cm)	Organic matter (%)	Total salt (mg/kg)
Value			49.00				
DL			4.00				

16

Soil

Sample and source description: Soil

Sample date: 12/15/2023 Source of analysis: Lab analysis

	Nitrate-N (mg/kg)	Total P (mg/kg)	Soluble P (mg/kg)	K (mg/kg)	EC (µmhos/cm)	Organic matter (%)	Total salt (mg/kg)
Value			66.00				
DL			4.00				

17

17

Soil

Sample and source description: Soil

Sample date: 12/15/2023 Source of analysis: Lab analysis

	Nitrate-N (mg/kg)	Total P (mg/kg)	Soluble P (mg/kg)	K (mg/kg)	EC (µmhos/cm)	Organic matter (%)	Total salt (mg/kg)
Value			42.00				
DL			4.00				

18

Soil

Sample and source description: Soil

Sample date: 12/15/2023 Source of analysis: Lab analysis

	Nitrate-N (mg/kg)	Total P (mg/kg)	Soluble P (mg/kg)	K (mg/kg)	EC (µmhos/cm)	Organic matter (%)	Total salt (mg/kg)
Value			61.00				
DL			4.00				

2

Soil

Sample and source description: Soil

Sample date: 12/15/2023 Source of analysis: Lab analysis

	Nitrate-N (mg/kg)	Total P (mg/kg)	Soluble P (mg/kg)	K (mg/kg)	EC (µmhos/cm)	Organic matter (%)	Total salt (mg/kg)
Value			88.00				
DL			4.00				

5

5

Soil

Sample and source description: Soil

Sample date: 12/15/2023 Source of analysis: Lab analysis

	Nitrate-N (mg/kg)	Total P (mg/kg)	Soluble P (mg/kg)	K (mg/kg)	EC (µmhos/cm)	Organic matter (%)	Total salt (mg/kg)
Value			58.00				
DL			4.00				

6

Soil

Sample and source description: Soil

Sample date: 12/15/2023 Source of analysis: Lab analysis

	Nitrate-N (mg/kg)	Total P (mg/kg)	Soluble P (mg/kg)	K (mg/kg)	EC (µmhos/cm)	Organic matter (%)	Total salt (mg/kg)
Value			41.00				
DL			4.00				

7

Soil

Sample and source description: Soil

Sample date: 12/15/2023 Source of analysis: Lab analysis

	Nitrate-N (mg/kg)	Total P (mg/kg)	Soluble P (mg/kg)	K (mg/kg)	EC (µmhos/cm)	Organic matter (%)	Total salt (mg/kg)
Value			51.00				
DL			4.00				

8

8

Soil

Sample and source description: Soil

Sample date: 12/15/2023 Source of analysis: Lab analysis

	Nitrate-N (mg/kg)	Total P (mg/kg)	Soluble P (mg/kg)	K (mg/kg)	EC (µmhos/cm)	Organic matter (%)	Total salt (mg/kg)
Value			46.00				
DL			4.00				

9

Soil

Sample and source description: Soil

Sample date: 12/15/2023 Source of analysis: Lab analysis

	Nitrate-N (mg/kg)	Total P (mg/kg)	Soluble P (mg/kg)	K (mg/kg)	EC (µmhos/cm)	Organic matter (%)	Total salt (mg/kg)
Value			96.00				
DL			4.00				

D2-1

Soil

Sample and source description: Soil

Sample date: 12/15/2023 Source of analysis: Lab analysis

	Nitrate-N (mg/kg)	Total P (mg/kg)	Soluble P (mg/kg)	K (mg/kg)	EC (µmhos/cm)	Organic matter (%)	Total salt (mg/kg)
Value			51.00				
DL			4.00				

D2-3

D2-3

Soil

Sample and source description: Soil

Sample date: 12/15/2023 Source of analysis: Lab analysis

	Nitrate-N (mg/kg)	Total P (mg/kg)	Soluble P (mg/kg)	K (mg/kg)	EC (µmhos/cm)	Organic matter (%)	Total salt (mg/kg)
Value			51.00				
DL			4.00				

D2-4

Soil

Sample and source description: Soil

Sample date: 12/15/2023 Source of analysis: Lab analysis

	Nitrate-N (mg/kg)	Total P (mg/kg)	Soluble P (mg/kg)	K (mg/kg)	EC (µmhos/cm)	Organic matter (%)	Total salt (mg/kg)
Value			51.00				
DL			4.00				

E. PLANT TISSUE ANALYSES

1 - 10/17/2022: Oats, silage-soft dough

Winter Forage

Sample and source description: Winter Forage

Sample date: 05/01/2023 Source of analysis: Lab analysis Method of reporting: As-is

Moisture: 64.6 %

	Total N (mg/kg)	Total P (mg/kg)	Total K (mg/kg)	Total salt (mg/kg)	TFS (%)
Value	2,900.00	700.00	6,170.00		8.14
DL	100.00	100.00	100.00		0.01

1 - 06/05/2023: Corn, silage

1 - 06/05/2023: Corn, silage

Corn Silage

Sample and source description: Corn Silage

Sample date: 10/02/2023 Source of analysis: Lab analysis Method of reporting: As-is

Moisture: 72.0 %

	Total N (mg/kg)	Total P (mg/kg)	Total K (mg/kg)	Total salt (mg/kg)	TFS (%)
Value	3,110.00	1,020.00	4,870.00		4.40
DL	100.00	100.00	100.00		0.01

10 - 11/02/2022: Oats, silage-soft dough

Winter Forage

Sample and source description: Winter Forage

Sample date: 05/01/2023 Source of analysis: Lab analysis Method of reporting: As-is

Moisture: 68.4 %

	Total N (mg/kg)	Total P (mg/kg)	Total K (mg/kg)	Total salt (mg/kg)	TFS (%)
Value	3,770.00	113.00	7,940.00		8.04
DL	100.00	100.00	100.00		0.01

10 - 06/24/2023: Corn, silage

Corn Silage

Sample and source description: Corn Silage

Sample date: 10/16/2023 Source of analysis: Lab analysis Method of reporting: As-is

Moisture: 70.0 %

	Total N (mg/kg)	Total P (mg/kg)	Total K (mg/kg)	Total salt (mg/kg)	TFS (%)
Value	3,540.00	650.00	4,130.00		5.30
DL	100.00	100.00	100.00		0.01

11 - 10/15/2022: Oats, silage-soft dough

Winter Forage

Sample and source description: Winter Forage

Sample date: 05/01/2023 Source of analysis: Lab analysis Method of reporting: As-is

Moisture: 69.6 %

	Total N (mg/kg)	Total P (mg/kg)	Total K (mg/kg)	Total salt (mg/kg)	TFS (%)
Value	5,270.00	114.00	10,900.00		11.40
DL	100.00	100.00	100.00		0.01

11 - 06/01/2023: Corn, silage

Corn Silage

Sample and source description: Corn Silage

Sample date: 09/19/2023 Source of analysis: Lab analysis Method of reporting: As-is

Moisture: 73.0 %

	Total N (mg/kg)	Total P (mg/kg)	Total K (mg/kg)	Total salt (mg/kg)	TFS (%)
Value	3,540.00	500.00	4,180.00		6.30
DL	100.00	100.00	100.00		0.01

12 - 11/03/2022: Oats, silage-soft dough

Winter Forage

Sample and source description: Winter Forage

Sample date: 05/15/2023 Source of analysis: Lab analysis Method of reporting: As-is

Moisture: 65.2 %

	Total N (mg/kg)	Total P (mg/kg)	Total K (mg/kg)	Total salt (mg/kg)	TFS (%)
Value	3,760.00	690.00	4,750.00		8.52
DL	100.00	100.00	100.00		0.01

12 - 06/26/2023: Corn, silage

Corn Silage

Sample and source description: Corn Silage

Sample date: 10/16/2023 Source of analysis: Lab analysis Method of reporting: As-is

Moisture: 70.0 %

	Total N (mg/kg)	Total P (mg/kg)	Total K (mg/kg)	Total salt (mg/kg)	TFS (%)
Value	3,030.00	540.00	3,990.00		7.40
DL	100.00	100.00	100.00		0.01

14 - 10/21/2022: Oats, silage-soft dough

Winter Forage

Sample and source description: Winter Forage

Sample date: 05/09/2023 Source of analysis: Lab analysis Method of reporting: As-is

Moisture: 60.8 %

	Total N (mg/kg)	Total P (mg/kg)	Total K (mg/kg)	Total salt (mg/kg)	TFS (%)
Value	3,570.00	114.00	1,170.00		8.43
DL	100.00	100.00	100.00		0.01

14 - 06/19/2023: Corn, silage

Corn Silage

Sample and source description: Corn Silage

Sample date: 10/16/2023 Source of analysis: Lab analysis Method of reporting: As-is

Moisture: 70.0 %

	Total N (mg/kg)	Total P (mg/kg)	Total K (mg/kg)	Total salt (mg/kg)	TFS (%)
Value	3,450.00	660.00	4,030.00		5.30
DL	100.00	100.00	100.00		0.01

15 - 10/30/2022: Oats, silage-soft dough

Winter Forage

Sample and source description: Winter Forage

Sample date: 05/09/2023 Source of analysis: Lab analysis Method of reporting: As-is

Moisture: 72.6 %

	Total N (mg/kg)	Total P (mg/kg)	Total K (mg/kg)	Total salt (mg/kg)	TFS (%)
Value	5,070.00	126.00	1,730.00		14.00
DL	100.00	100.00	100.00		0.01

15 - 06/08/2023: Corn, silage

Corn Silage

Sample and source description: Corn Silage

Sample date: 10/09/2023 Source of analysis: Lab analysis Method of reporting: As-is

Moisture: 72.2 %

	Total N (mg/kg)	Total P (mg/kg)	Total K (mg/kg)	Total salt (mg/kg)	TFS (%)
Value	3,560.00	570.00	4,410.00		7.30
DL	100.00	100.00	100.00		0.01

16 - 10/14/2022: Oats, silage-soft dough

Winter Forage

Sample and source description: Winter Forage

Sample date: 05/01/2023 Source of analysis: Lab analysis Method of reporting: As-is

Moisture: 69.6 %

	Total N (mg/kg)	Total P (mg/kg)	Total K (mg/kg)	Total salt (mg/kg)	TFS (%)
Value	3,470.00	910.00	8,400.00		9.48
DL	100.00	100.00	100.00		0.01

16 - 06/13/2023: Corn, silage

Corn Silage

Sample and source description: Corn Silage

Sample date: 10/09/2023 Source of analysis: Lab analysis Method of reporting: As-is

Moisture: 70.0 %

	Total N (mg/kg)	Total P (mg/kg)	Total K (mg/kg)	Total salt (mg/kg)	TFS (%)
Value	3,240.00	760.00	5,620.00		7.00
DL	100.00	100.00	100.00		0.01

17 - 10/14/2022: Oats, silage-soft dough

Winter Forage

Sample and source description: Winter Forage

Sample date: 05/01/2023 Source of analysis: Lab analysis Method of reporting: As-is

Moisture: 62.4 %

	Total N (mg/kg)	Total P (mg/kg)	Total K (mg/kg)	Total salt (mg/kg)	TFS (%)
Value	3,090.00	500.00	3,340.00		8.30
DL	100.00	100.00	100.00		0.01

17 - 06/23/2023: Corn, silage

Corn Silage

Sample and source description: Corn Silage

Sample date: 10/16/2023 Source of analysis: Lab analysis Method of reporting: As-is

Moisture: 70.0 %

	Total N (mg/kg)	Total P (mg/kg)	Total K (mg/kg)	Total salt (mg/kg)	TFS (%)
Value	3,060.00	560.00	4,280.00		7.00
DL	100.00	100.00	100.00		0.01

18 - 11/04/2022: Oats, silage-soft dough

Winter Forage

Sample and source description: Winter Forage

Sample date: 09/08/2023 Source of analysis: Lab analysis Method of reporting: As-is

Moisture: 70.0 %

	Total N (mg/kg)	Total P (mg/kg)	Total K (mg/kg)	Total salt (mg/kg)	TFS (%)
Value	4,320.00	950.00	5,780.00		9.36
DL	100.00	100.00	100.00		0.01

18 - 06/15/2023: Corn, silage

Corn Silage

Sample and source description: Corn Silage

Sample date: 10/16/2023 Source of analysis: Lab analysis Method of reporting: As-is

Moisture: 70.0 %

	Total N (mg/kg)	Total P (mg/kg)	Total K (mg/kg)	Total salt (mg/kg)	TFS (%)
Value	3,810.00	840.00	5,560.00		6.40
DL	100.00	100.00	100.00		0.01

19 - 02/10/2011: Almond, in shell

Almonds

Sample and source description: Almonds

Sample date: 12/21/2023 Source of analysis: Lab analysis Method of reporting: As-is

Moisture: 12.6 %

	Total N (mg/kg)	Total P (mg/kg)	Total K (mg/kg)	Total salt (mg/kg)	TFS (%)
Value	8,930.00	1,110.00	37,100.00		13.60
DL	100.00	100.00	100.00		0.01

2 - 10/17/2022: Oats, silage-soft dough

Winter Forage

Sample and source description: Winter Forage

Sample date: 05/01/2023 Source of analysis: Lab analysis Method of reporting: As-is

Moisture: 69.6 %

	Total N (mg/kg)	Total P (mg/kg)	Total K (mg/kg)	Total salt (mg/kg)	TFS (%)
Value	2,950.00	860.00	6,880.00		8.18
DL	100.00	100.00	100.00		0.01

2 - 05/23/2023: Corn, silage

Corn Silage

Sample and source description: Corn Silage

Sample date: 10/02/2023 Source of analysis: Lab analysis Method of reporting: As-is

Moisture: 67.6 %

	Total N (mg/kg)	Total P (mg/kg)	Total K (mg/kg)	Total salt (mg/kg)	TFS (%)
Value	3,400.00	1,210.00	5,470.00		7.20
DL	100.00	100.00	100.00		0.01

5 - 11/01/2022: Oats, silage-soft dough

Winter Forage

Sample and source description: Winter Forage

Sample date: 05/01/2023 Source of analysis: Lab analysis Method of reporting: Dry-weight

Moisture: 69.0 %

	Total N (mg/kg)	Total P (mg/kg)	Total K (mg/kg)	Total salt (mg/kg)	TFS (%)
Value	3,240.00	940.00	5,900.00		7.88
DL	100.00	100.00	100.00		0.01

5 - 06/16/2023: Corn, silage

Corn Silage

Sample and source description: Corn Silage

Sample date: 10/09/2023 Source of analysis: Lab analysis Method of reporting: As-is

Moisture: 73.8 %

	Total N (mg/kg)	Total P (mg/kg)	Total K (mg/kg)	Total salt (mg/kg)	TFS (%)
Value	3,560.00	730.00	6,440.00		7.80
DL	100.00	100.00	100.00		0.01

6 - 10/18/2022: Oats, silage-soft dough

Winter Forage

Sample and source description: Winter Forage

Sample date: 05/01/2023 Source of analysis: Lab analysis Method of reporting: As-is

Moisture: 71.6 %

	Total N (mg/kg)	Total P (mg/kg)	Total K (mg/kg)	Total salt (mg/kg)	TFS (%)
Value	8,570.00	114.00	9,570.00		11.00
DL	100.00	100.00	100.00		0.01

6 - 06/27/2023: Corn, silage

Corn Silage

Sample and source description: Corn Silage

Sample date: 10/16/2023 Source of analysis: Lab analysis Method of reporting: As-is

Moisture: 70.0 %

	Total N (mg/kg)	Total P (mg/kg)	Total K (mg/kg)	Total salt (mg/kg)	TFS (%)
Value	3,030.00	510.00	3,520.00		8.30
DL	100.00	100.00	100.00		0.01

7 - 10/18/2022: Oats, silage-soft dough

Winter Forage

Sample and source description: Winter Forage

Sample date: 05/01/2023 Source of analysis: Lab analysis Method of reporting: As-is

Moisture: 68.6 %

	Total N (mg/kg)	Total P (mg/kg)	Total K (mg/kg)	Total salt (mg/kg)	TFS (%)
Value	4,950.00	109.00	8,460.00		11.70
DL	100.00	100.00	100.00		0.01

7 - 06/07/2023: Corn, silage

Corn Silage

Sample and source description: Corn Silage

Sample date: 10/09/2023 Source of analysis: Lab analysis Method of reporting: As-is

Moisture: 72.0 %

	Total N (mg/kg)	Total P (mg/kg)	Total K (mg/kg)	Total salt (mg/kg)	TFS (%)
Value	3,810.00	910.00	5,640.00		7.00
DL	100.00	100.00	100.00		0.01

8 - 10/18/2022: Oats, silage-soft dough

Winter Forage

Sample and source description: Winter Forage

Sample date: 05/01/2023 Source of analysis: Lab analysis Method of reporting: As-is

Moisture: 62.4 %

	Total N (mg/kg)	Total P (mg/kg)	Total K (mg/kg)	Total salt (mg/kg)	TFS (%)
Value	5,260.00	141.00	10,800.00		10.90
DL	100.00	100.00	100.00		0.01

8 - 06/27/2023: Corn, silage

Corn Silage

Sample and source description: Corn Silage

Sample date: 10/16/2023 Source of analysis: Lab analysis Method of reporting: As-is

Moisture: 70.0 %

	Total N (mg/kg)	Total P (mg/kg)	Total K (mg/kg)	Total salt (mg/kg)	TFS (%)
Value	2,490.00	480.00	3,180.00		6.00
DL	100.00	100.00	100.00		0.01

9 - 11/02/2022: Oats, silage-soft dough

Winter Forage

Sample and source description: Winter Forage

Sample date: 05/01/2023 Source of analysis: Lab analysis Method of reporting: As-is

Moisture: 69.0 %

	Total N (mg/kg)	Total P (mg/kg)	Total K (mg/kg)	Total salt (mg/kg)	TFS (%)
Value	3,020.00	850.00	7,300.00		8.69
DL	100.00	100.00	100.00		0.01

9 - 06/12/2023: Corn, silage

Corn Silage

Sample and source description: Corn Silage

Sample date: 10/09/2023 Source of analysis: Lab analysis Method of reporting: As-is

Moisture: 67.2 %

	Total N (mg/kg)	Total P (mg/kg)	Total K (mg/kg)	Total salt (mg/kg)	TFS (%)
Value	3,900.00	780.00	5,260.00		8.00
DL	100.00	100.00	100.00		0.01

D2-3 - 11/04/2022: Oats, silage-soft dough

Winter Forage

Sample and source description: Winter Forage

Sample date: 09/08/2023 Source of analysis: Lab analysis Method of reporting: As-is

Moisture: 63.8 %

	Total N (mg/kg)	Total P (mg/kg)	Total K (mg/kg)	Total salt (mg/kg)	TFS (%)
Value	4,200.00	104.00	5,710.00		7.13
DL	100.00	100.00	100.00		0.01

D2-3 - 05/23/2023: Corn, silage

Corn Silage

Sample and source description: Corn Silage

Sample date: 10/02/2023 Source of analysis: Lab analysis Method of reporting: As-is

Moisture: 67.6 %

	Total N (mg/kg)	Total P (mg/kg)	Total K (mg/kg)	Total salt (mg/kg)	TFS (%)
Value	3,400.00	1,210.00	5,470.00		7.20
DL	100.00	100.00	100.00		0.01

F. SUBSURFACE (TILE) DRAINAGE ANALYSES

No subsurface (tile) drainage analyses entered.

NUTRIENT APPLICATIONS, POTENTIAL REMOVAL, AND BALANCE

A. SUMMARY OF NUTRIENT APPLICATIONS, POTENTIAL REMOVAL, AND BALANCE

	Total N (lbs)	Total P (lbs)	Total K (lbs)	Total salt (lbs)
Existing soil nutrient content	0.00	0.00	0.00	0.00
Plowdown credit	0.00	0.00	0.00	0.00
Commercial fertilizer / Other	12,530.30	1,056.00	1,056.00	0.00
Dry manure	88,610.07	34,827.54	124,953.62	1,049,600.50
Process wastewater	175,775.84	25,446.57	313,783.34	1,826,526.94
Fresh water	35,945.62	0.00	0.00	1,523,301.27
Atmospheric deposition	11,760.00	0.00	0.00	0.00
Total nutrients applied	324,621.83	61,330.11	439,792.96	4,399,428.71
Anticipated crop nutrient removal	333,912.00	58,688.40	280,697.10	0.00
Actual crop nutrient removal	240,385.07	36,914.45	334,732.09	1,539,627.14
Nutrient balance	84,236.76	24,415.65	105,060.87	2,859,801.58
Applied to removed ratio	1.35	1.66	1.31	2.86

B. POUNDS OF NUTRIENT APPLIED VS. CROP REMOVAL

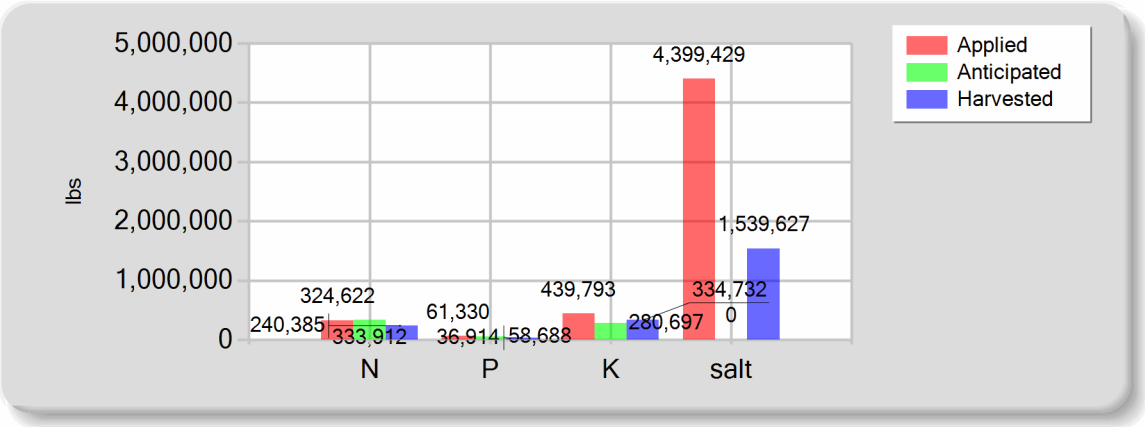

C. POUNDS OF NUTRIENT APPLIED BY MATERIAL TYPE

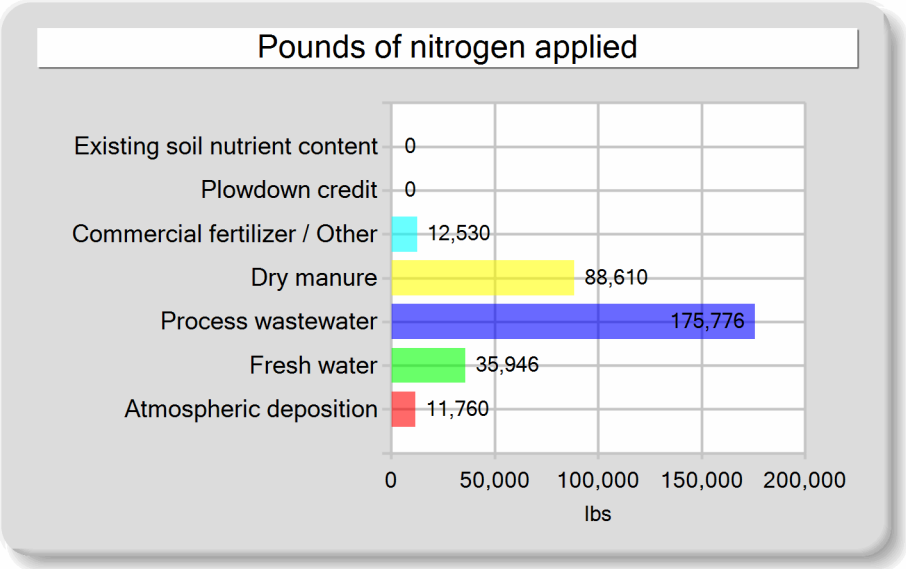

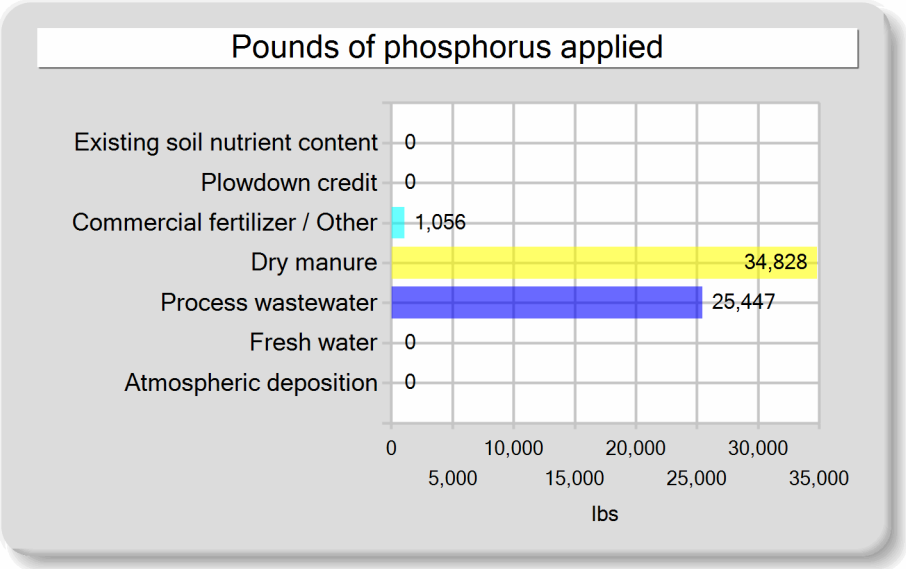

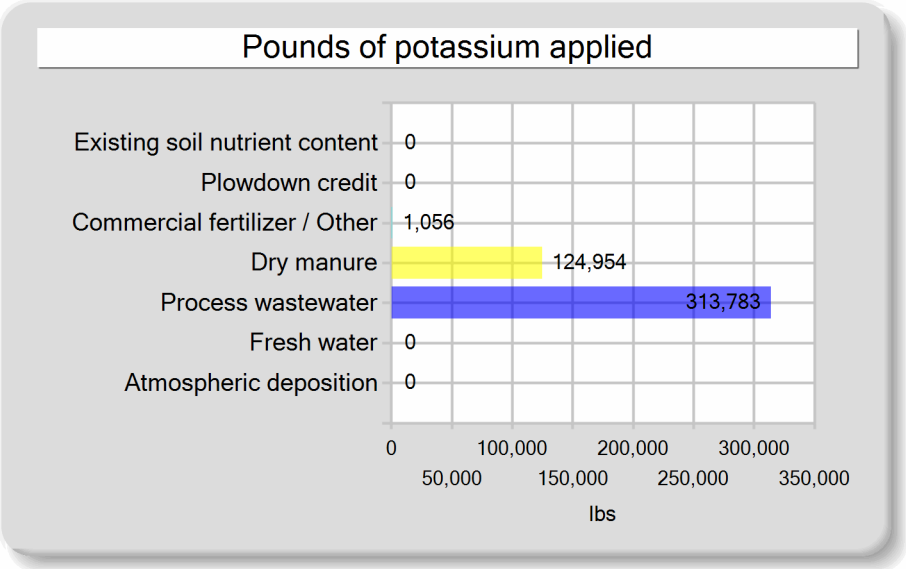

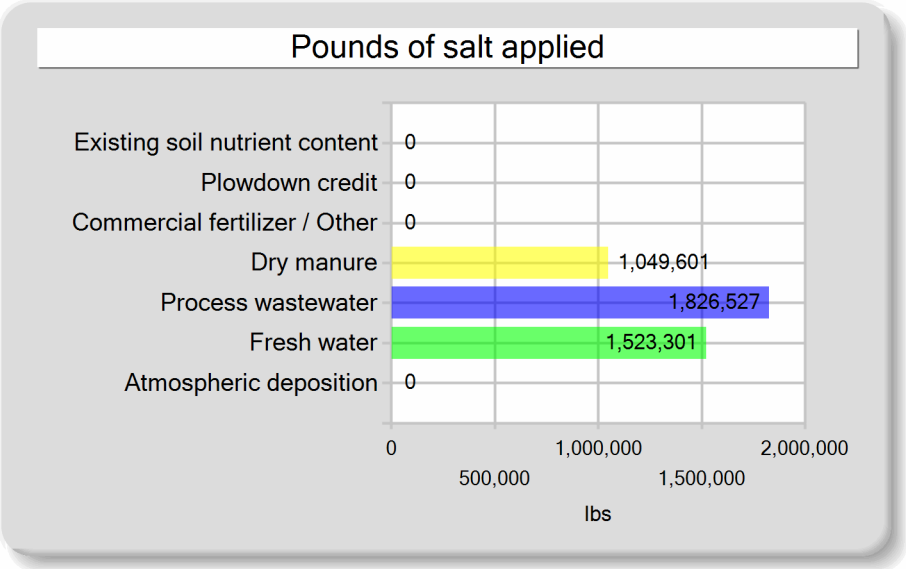

EXCEPTION REPORTING

A. MANURE, PROCESS WASTEWATER, AND OTHER DAIRY WASTE DISCHARGES

The following is a summary of all manure and process wastewater discharges from the production area to surface water or to land areas (land application areas or otherwise) when not in accordance with the facility's Nutrient Management Plan.

No manure or process wastewater discharges occurred during the reporting period.

B. STORM WATER DISCHARGES

The following is a summary of all storm water discharges from the production area to surface water during the reporting period when not in accordance with the facility 's Nutrient Management Plan.

No stormwater discharges occurred during the reporting period.

C. LAND APPLICATION AREA TO SURFACE WATER DISCHARGES

The following is a summary of all discharges from the land application area to surface water that have occurred during the reporting period when not in accordance with the facility's Nutrient Management Plan.

No land application area to surface water discharges occurred during the reporting period.

NUTRIENT MANAGEMENT PLAN AND EXPORT AGREEMENT STATEMENTS

A. NUTRIENT MANAGEMENT PLAN STATEMENTS

Was the facility's NMP updated in the reporting period?	Yes
Was the facility's NMP developed by a certified nutrient management planner (specialist) as specified in Attachment C of the General Order?	Yes
Was the facility's NMP approved by a certified nutrient management planner (specialist) as specified in Attachment C of the General Order?	Yes

B. EXPORT AGREEMENT STATEMENT

Are there any written agreements with third parties to receive manure or process wastewater that are new or were revised within the reporting period?	No

ADDITIONAL NOTES

A. NOTES

Field 2 Oat silage (1.44) and Field 9 Oat silage (1.46) had high nitrogen field ratios as fields failed to meet anticipated nitrogen removal of 170 pounds/acre. The subject fields removed 90.3 and 90 pounds of nitrogen per acre respectively. Both fields failed to meet anticipated yield of 17 ton/acre as they yielded only 15.3 and 14.9 ton/acre respectively. Also, low nitrogen values from the plant tissue lab analysis resulted in 5.9 and 6.04 pounds of nitrogen removed per harvested ton compared to the anticipated 10 pounds of nitrogen removed per harvested ton. Nitrogen application to the subject fields was not considered excessive but in line with that recommended in the dairy's nutrient management plan.

Field Corn Silage (1.56) had high nitrogen field ratio as field failed to meet anticipated nitrogen removal of 240 pounds/acre. The subject fields removed 127.5 pounds of nitrogen per acre. Yield for the field was lower than the 30 ton/acre that was anticipated. Also, lower than anticipated nitrogen value in the plant tissue lab analysis for the field were both contributing factors to the high nitrogen field ratio. Nitrogen application to the subject field was not considered excessive but in line with that recommended in the dairy's Nutrient Management Plan.

CERTIFICATION

A. OWNER AND/OR OPERATOR CERTIFICATION

I certify under penalty of law that I have personally examined and am familiar with the information submitted in this document and all attachments and that, based on my inquiry of those individuals immediately responsible for obtaining the information, I believe that the information is true, accurate, and complete. I am aware that there are significant penalties for submitting false information, including the possibility of fine and imprisonment.

Johnny Silva (Jun 27, 2024 16:15 CDT)

SIGNATURE OF OWNER OF FACILITY	SIGNATURE OF OPERATOR OF FACILITY
Frank N Rocha	SAME AS OWNER
PRINT OR TYPE NAME	PRINT OR TYPE NAME
Jun 27, 2024	
DATE	DATE

ATTACHMENTS

A. REQUIRED ATTACHMENTS

The following lists the required documents that should be attached to the Annual Report when submitted .

Annual Dairy Facility Assessment
Provide an Annual Dairy Facility Assessment (an update to the Preliminary Dairy Facility Assessment in Attachment A) for each reporting period. On the PDFA Final page, click on the ADFA Report button to generate an ADFA report after updating information as needed .

Manure/Process Wastewater Tracking Manifests
Provide copies of all manure/process wastewater tracking manifests for the reporting period, signed by both the owner/operator and the hauler.

Corrective Actions Documents
Provide records documenting any corrective actions taken to correct deficiencies noted as a result of the inspections required in the Monitoring Requirements of the General Order. Deficiencies not corrected in 30 days must be accompanied by an explanation of the factors preventing immediate correction.

Groundwater Monitoring
Dischargers that monitor supply wells or subsurface (tile) drainage systems, or that have monitoring well systems must submit monitoring results as directed in the General Order, Groundwater Reporting Section starting on page MRP-13.

Storm Water Monitoring
Dischargers that are required to monitor storm water more frequently than required in the General Order must submit monitoring results as directed in the General Order, Storm Water Reporting Section on page MRP-14.

DELLAVALLE™
LABORATORY INC

Frank N Rocha
23125 E Lone Tree Rd
Escalon, CA 95320

Account# 00-0026219
Account Manager: Scott Sakamoto
Submitted By: Jeanette Sawyer

Received: 09/21/2023 16:13
Reported: 09/29/2023 12:13

Samples in this Report

Lab ID	Sample	Matrix	Sampled By	Crop	Date Sampled
23I1433-01	IW 1	Canal Water			09/20/2023 7:00
23I1433-02	IW 2	Canal Water			09/20/2023 7:00
23I1433-03	IW 3	Canal Water			09/20/2023 7:00
23I1433-04	IW 4	Canal Water			09/20/2023 7:00
23I1433-05	IW 5	Canal Water			09/20/2023 7:00
23I1433-06	IW 6	Canal Water			09/20/2023 7:00
23I1433-07	IW 7	Canal Water			09/20/2023 7:00
23I1433-08	IW D2-1	Canal Water			09/20/2023 7:00

Default Cooler Temperature on Receipt °C: 2.9

Containers Intact
COC/Labels Agree
Preservation Confirmed
Received On Ice

Notes and Definitions

Item	Definition
H	Hold Time Exceeded
MCL	Drinking Water Maximum Contaminant Level
ND	Analyte NOT DETECTED at or above the reporting limit.
NES	Not Enough Sample
*	Not Taken
RPD	Relative Percent Difference
%REC	Percent Recovery
Source	Sample that was matrix spiked or duplicated.

Scott McFriedland

Laboratory Director/Technical Manager

ELAP Certification #1595
A2LA Certification #6440.02

The results in this report apply to the samples as received and were analyzed in accordance with the chain of custody document. This analytical report must be reproduced in its entirety. All results listed in this report are for the exclusive use of the submitting party. Dellavalle Laboratory, Inc. assumes no responsibility for report alteration, separation, detachment or third party interpretation.

DELLAVALLE™
LABORATORY INC

Frank N Rocha
23125 E Lone Tree Rd
Escalon, CA 95320

Account# 00-0026219
Account Manager: Scott Sakamoto
Submitted By: Jeanette Sawyer

Received: 09/21/2023 16:13
Reported: 09/29/2023 12:13

Sample Results

Sample: IW 1
23I1433-01 (Water)

Sampled: 9/20/2023 7:00
Sampled By:

Analyte	Result	Units	Reporting Limit	DIL	DW MCL	Date/Time Analyzed	Method	Notes	Batch
Electrical Conductivity	**0.48**	mmhos/cm	0.01	1		09/22/23 13:27	SM 2510 B		BEI0827
Electrical Conductivity umhos	**475**	umhos/cm	10.0	1		09/22/23 13:27	SM 2510 B		BEI0827
Nitrate Nitrogen as NO3N	**7.8**	mg/L	0.1	1	10	09/22/23 01:12	EPA 300.0		BEI0782
Temperature	**25.0**	units	0.0	1		09/22/23 13:27	SM 4500-H+	H	BEI0827
pH	**8.0**	units	1.0	1		09/22/23 13:27	SM 4500-H+	H	BEI0827
Total Filterable Solids (TDS)	**300**	mg/L	10.0	1		09/25/23 14:25	SM 2540 C		BEI0824
Kjeldahl Nitrogen (TKN), Total	ND	mg/L	1.00	1		09/27/23 09:41	SM 4500-NH3 C		BEI0904
Total Nitrogen	**7.76**	mg/L	1.00	1		09/27/23 09:41	SM 4500-NH3 C		BEI0904

The results in this report apply to the samples as received and were analyzed in accordance with the chain of custody document. This analytical report must be reproduced in its entirety. All results listed in this report are for the exclusive use of the submitting party. Dellavalle Laboratory, Inc. assumes no responsibility for report alteration, separation, detachment or third party interpretation.

DELLAVALLE™
LABORATORY INC

Frank N Rocha
23125 E Lone Tree Rd
Escalon, CA 95320

Account# 00-0026219
Account Manager: Scott Sakamoto
Submitted By: Jeanette Sawyer

Received: 09/21/2023 16:13
Reported: 09/29/2023 12:13

Sample Results
(Continued)

Sample: IW 2
23I1433-02 (Water)

Sampled: 9/20/2023 7:00
Sampled By:

Analyte	Result	Units	Reporting Limit	DIL	DW MCL	Date/Time Analyzed	Method	Notes	Batch
Electrical Conductivity	**0.38**	mmhos/cm	0.01	1		09/22/23 13:29	SM 2510 B		BEI0827
Electrical Conductivity umhos	**381**	umhos/cm	10.0	1		09/22/23 13:29	SM 2510 B		BEI0827
Nitrate Nitrogen as NO3N	**5.0**	mg/L	0.1	1	10	09/22/23 01:32	EPA 300.0		BEI0782
Temperature	**25.0**	units	0.0	1		09/22/23 13:29	SM 4500-H+	H	BEI0827
pH	**8.0**	units	1.0	1		09/22/23 13:29	SM 4500-H+	H	BEI0827
Total Filterable Solids (TDS)	**270**	mg/L	10.0	1		09/25/23 14:25	SM 2540 C		BEI0824
Kjeldahl Nitrogen (TKN), Total	ND	mg/L	1.00	1		09/27/23 09:43	SM 4500-NH3 C		BEI0904
Total Nitrogen	**5.04**	mg/L	1.00	1		09/27/23 09:43	SM 4500-NH3 C		BEI0904

The results in this report apply to the samples as received and were analyzed in accordance with the chain of custody document. This analytical report must be reproduced in its entirety. All results listed in this report are for the exclusive use of the submitting party. Dellavalle Laboratory, Inc. assumes no responsibility for report alteration, separation, detachment or third party interpretation.

DELLAVALLE™
LABORATORY INC

Frank N Rocha
23125 E Lone Tree Rd
Escalon, CA 95320

Account# 00-0026219
Account Manager: Scott Sakamoto
Submitted By: Jeanette Sawyer

Received: 09/21/2023 16:13
Reported: 09/29/2023 12:13

Sample Results
(Continued)

Sample: IW 3
23I1433-03 (Water)

Sampled: 9/20/2023 7:00
Sampled By:

Analyte	Result	Units	Reporting Limit	DIL	DW MCL	Date/Time Analyzed	Method	Notes	Batch
Electrical Conductivity	**0.46**	mmhos/cm	0.01	1		09/22/23 13:30	SM 2510 B		BEI0827
Electrical Conductivity umhos	**465**	umhos/cm	10.0	1		09/22/23 13:30	SM 2510 B		BEI0827
Nitrate Nitrogen as NO3N	**7.7**	mg/L	0.1	1	10	09/22/23 01:52	EPA 300.0		BEI0782
Temperature	**25.0**	units	0.0	1		09/22/23 13:30	SM 4500-H+	H	BEI0827
pH	**8.1**	units	1.0	1		09/22/23 13:30	SM 4500-H+	H	BEI0827
Total Filterable Solids (TDS)	**305**	mg/L	10.0	1		09/25/23 14:25	SM 2540 C		BEI0824
Kjeldahl Nitrogen (TKN), Total	ND	mg/L	1.00	1		09/27/23 09:44	SM 4500-NH3 C		BEI0904
Total Nitrogen	**7.76**	mg/L	1.00	1		09/27/23 09:44	SM 4500-NH3 C		BEI0904

The results in this report apply to the samples as received and were analyzed in accordance with the chain of custody document. This analytical report must be reproduced in its entirety. All results listed in this report are for the exclusive use of the submitting party. Dellavalle Laboratory, Inc. assumes no responsibility for report alteration, separation, detachment or third party interpretation.

DELLAVALLE™
LABORATORY INC

Frank N Rocha
23125 E Lone Tree Rd
Escalon, CA 95320

Account# 00-0026219
Account Manager: Scott Sakamoto
Submitted By: Jeanette Sawyer

Received: 09/21/2023 16:13
Reported: 09/29/2023 12:13

Sample Results
(Continued)

Sample: IW 4
23I1433-04 (Water)

Sampled: 9/20/2023 7:00
Sampled By:

Analyte	Result	Units	Reporting Limit	DIL	DW MCL	Date/Time Analyzed	Method	Notes	Batch
Electrical Conductivity	**0.48**	mmhos/cm	0.01	1		09/22/23 13:31	SM 2510 B		BEI0827
Electrical Conductivity umhos	**479**	umhos/cm	10.0	1		09/22/23 13:31	SM 2510 B		BEI0827
Nitrate Nitrogen as NO3N	**8.2**	mg/L	0.1	1	10	09/22/23 02:13	EPA 300.0		BEI0782
Temperature	**25.0**	units	0.0	1		09/22/23 13:31	SM 4500-H+	H	BEI0827
pH	**8.0**	units	1.0	1		09/22/23 13:31	SM 4500-H+	H	BEI0827
Total Filterable Solids (TDS)	**330**	mg/L	10.0	1		09/25/23 14:25	SM 2540 C		BEI0824
Kjeldahl Nitrogen (TKN), Total	ND	mg/L	1.00	1		09/27/23 09:45	SM 4500-NH3 C		BEI0904
Total Nitrogen	**8.38**	mg/L	1.00	1		09/27/23 09:45	SM 4500-NH3 C		BEI0904

The results in this report apply to the samples as received and were analyzed in accordance with the chain of custody document. This analytical report must be reproduced in its entirety. All results listed in this report are for the exclusive use of the submitting party. Dellavalle Laboratory, Inc. assumes no responsibility for report alteration, separation, detachment or third party interpretation.

DELLAVALLE™
LABORATORY INC

Frank N Rocha
23125 E Lone Tree Rd
Escalon, CA 95320

Account# 00-0026219
Account Manager: Scott Sakamoto
Submitted By: Jeanette Sawyer

Received: 09/21/2023 16:13
Reported: 09/29/2023 12:13

Sample Results
(Continued)

Sample: IW 5
23I1433-05 (Water)

Sampled: 9/20/2023 7:00
Sampled By:

Analyte	Result	Units	Reporting Limit	DIL	DW MCL	Date/Time Analyzed	Method	Notes	Batch
Electrical Conductivity	**0.41**	mmhos/cm	0.01	1		09/22/23 13:32	SM 2510 B		BEI0827
Electrical Conductivity umhos	**414**	umhos/cm	10.0	1		09/22/23 13:32	SM 2510 B		BEI0827
Nitrate Nitrogen as NO3N	**6.3**	mg/L	0.1	1	10	09/22/23 02:33	EPA 300.0		BEI0782
Temperature	**25.0**	units	0.0	1		09/22/23 13:32	SM 4500-H+	H	BEI0827
pH	**8.1**	units	1.0	1		09/22/23 13:32	SM 4500-H+	H	BEI0827
Total Filterable Solids (TDS)	**265**	mg/L	10.0	1		09/25/23 14:25	SM 2540 C		BEI0824
Kjeldahl Nitrogen (TKN), Total	ND	mg/L	1.00	1		09/27/23 09:47	SM 4500-NH3 C		BEI0904
Total Nitrogen	**6.32**	mg/L	1.00	1		09/27/23 09:47	SM 4500-NH3 C		BEI0904

The results in this report apply to the samples as received and were analyzed in accordance with the chain of custody document. This analytical report must be reproduced in its entirety. All results listed in this report are for the exclusive use of the submitting party. Dellavalle Laboratory, Inc. assumes no responsibility for report alteration, separation, detachment or third party interpretation.

DELLAVALLE™
LABORATORY INC

Frank N Rocha
23125 E Lone Tree Rd
Escalon, CA 95320

Account# 00-0026219
Account Manager: Scott Sakamoto
Submitted By: Jeanette Sawyer

Received: 09/21/2023 16:13
Reported: 09/29/2023 12:13

Sample Results
(Continued)

Sample: IW 6
23I1433-06 (Water)

Sampled: 9/20/2023 7:00
Sampled By:

Analyte	Result	Units	Reporting Limit	DIL	DW MCL	Date/Time Analyzed	Method	Notes	Batch
Electrical Conductivity	**0.48**	mmhos/cm	0.01	1		09/22/23 13:34	SM 2510 B		BEI0827
Electrical Conductivity umhos	**475**	umhos/cm	10.0	1		09/22/23 13:34	SM 2510 B		BEI0827
Nitrate Nitrogen as NO3N	**8.1**	mg/L	0.1	1	10	09/22/23 02:53	EPA 300.0		BEI0782
Temperature	**25.0**	units	0.0	1		09/22/23 13:34	SM 4500-H+	H	BEI0827
pH	**8.1**	units	1.0	1		09/22/23 13:34	SM 4500-H+	H	BEI0827
Total Filterable Solids (TDS)	**300**	mg/L	10.0	1		09/25/23 14:25	SM 2540 C		BEI0824
Kjeldahl Nitrogen (TKN), Total	ND	mg/L	1.00	1		09/27/23 09:48	SM 4500-NH3 C		BEI0904
Total Nitrogen	**8.13**	mg/L	1.00	1		09/27/23 09:48	SM 4500-NH3 C		BEI0904

The results in this report apply to the samples as received and were analyzed in accordance with the chain of custody document. This analytical report must be reproduced in its entirety. All results listed in this report are for the exclusive use of the submitting party. Dellavalle Laboratory, Inc. assumes no responsibility for report alteration, separation, detachment or third party interpretation.

DELLAVALLE™
LABORATORY INC

Frank N Rocha
23125 E Lone Tree Rd
Escalon, CA 95320

Account# 00-0026219
Account Manager: Scott Sakamoto
Submitted By: Jeanette Sawyer

Received: 09/21/2023 16:13
Reported: 09/29/2023 12:13

Sample Results
(Continued)

Sample: IW 7
23I1433-07 (Water)

Sampled: 9/20/2023 7:00
Sampled By:

Analyte	Result	Units	Reporting Limit	DIL	DW MCL	Date/Time Analyzed	Method	Notes	Batch
Electrical Conductivity	**0.35**	mmhos/cm	0.01	1		09/22/23 13:41	SM 2510 B		BEI0827
Electrical Conductivity umhos	**347**	umhos/cm	10.0	1		09/22/23 13:41	SM 2510 B		BEI0827
Nitrate Nitrogen as NO3N	**4.4**	mg/L	0.1	1	10	09/22/23 03:13	EPA 300.0		BEI0782
Temperature	**25.0**	units	0.0	1		09/22/23 13:41	SM 4500-H+	H	BEI0827
pH	**8.0**	units	1.0	1		09/22/23 13:41	SM 4500-H+	H	BEI0827
Total Filterable Solids (TDS)	**230**	mg/L	10.0	1		09/25/23 14:25	SM 2540 C		BEI0824
Kjeldahl Nitrogen (TKN), Total	ND	mg/L	1.00	1		09/27/23 09:50	SM 4500-NH3 C		BEI0904
Total Nitrogen	**4.41**	mg/L	1.00	1		09/27/23 09:50	SM 4500-NH3 C		BEI0904

The results in this report apply to the samples as received and were analyzed in accordance with the chain of custody document. This analytical report must be reproduced in its entirety. All results listed in this report are for the exclusive use of the submitting party. Dellavalle Laboratory, Inc. assumes no responsibility for report alteration, separation, detachment or third party interpretation.

DELLAVALLE™
LABORATORY INC

Frank N Rocha
23125 E Lone Tree Rd
Escalon, CA 95320

Account# 00-0026219
Account Manager: Scott Sakamoto
Submitted By: Jeanette Sawyer

Received: 09/21/2023 16:13
Reported: 09/29/2023 12:13

Sample Results
(Continued)

Sample: IW D2-1
23I1433-08 (Water)

Sampled: 9/20/2023 7:00
Sampled By:

Analyte	Result	Units	Reporting Limit	DIL	DW MCL	Date/Time Analyzed	Method	Notes	Batch
Electrical Conductivity	**0.37**	mmhos/cm	0.01	1		09/22/23 13:43	SM 2510 B		BEI0827
Electrical Conductivity umhos	**368**	umhos/cm	10.0	1		09/22/23 13:43	SM 2510 B		BEI0827
Nitrate Nitrogen as NO3N	**4.9**	mg/L	0.1	1	10	09/22/23 03:33	EPA 300.0		BEI0782
Temperature	**25.0**	units	0.0	1		09/22/23 13:43	SM 4500-H+	H	BEI0827
pH	**8.0**	units	1.0	1		09/22/23 13:43	SM 4500-H+	H	BEI0827
Total Filterable Solids (TDS)	**255**	mg/L	10.0	1		09/25/23 14:25	SM 2540 C		BEI0824
Kjeldahl Nitrogen (TKN), Total	ND	mg/L	1.00	1		09/27/23 09:51	SM 4500-NH3 C		BEI0904
Total Nitrogen	**4.90**	mg/L	1.00	1		09/27/23 09:51	SM 4500-NH3 C		BEI0904

The results in this report apply to the samples as received and were analyzed in accordance with the chain of custody document. This analytical report must be reproduced in its entirety. All results listed in this report are for the exclusive use of the submitting party. Dellavalle Laboratory, Inc. assumes no responsibility for report alteration, separation, detachment or third party interpretation.

09/21/23 16:13 23I1433

DELLAVALLE LABORATORY, INC.

1910 W. McKinley Avenue, Suite 110 • Fresno, CA 93728
www.dellavallelab.com 559 233-6129 · 800 228-9896 · Fax 559 268-8174

JG

Purchase Order No | Bill To: | Acct # 2601/9 13 | Cons # DWS 9/21/23

Results Need By

No. Samples: 8 | No of Bottles: DWS 9/21/23

Water Type: [ ] Drinking Water [ ] Wastewater
[ ] Ag Water [ ] Groundwater [ ] Monitoring Well

Other:

Name: Frank N Rocha
Address: 23125 E Lone Tree Rd
City: Escalon **State:** CA **Zip:** 95320
Telephone: 209 838-1297 **Fax:**
Cell/Email:
COPY TO: F&A Ag Services
& J Sawyer@Fragservices.com
REQUESTED BY: Jeanette Sawyer
PROJECT:
CROP:

Analysis and Bottles Required: (*Please indicate Analysis*)
DCW 1

[ ] Co. Health Dept
[ ] RWQCB [ ] Copy of Chain
[ ] State Forms [ ] QA/QC Documents

Sampled By:

	Description of Samples	Date Sampled	Time Sampled	Rec'd Temp °C	Field EC
1	IW 1	9/20/23	Start 7AM	2.9	
2	2			2.5	
3	3			3.1	
4	4			6.3	
5	5			4.4	
6	6			9.4	
7	7			6.3	
8	D2-1			12.1	
9					
10					

IR Thermometer SN: 200560723
Correction Factor: 0°C
Calibration Due: 9/26/2023
Location: Laboratory

CHAIN OF CUSTODY

Carrier	Signature	Company	Received (Date/Time)	Relinquished (Date/Time)
First	Jeanette Sawyer	F&R Ag Services		
Second	SM	DLV	9/21 9:50	
Third				
Fourth	JG	DL1	9/21/23 16:15	

I guarantee that as the client, or on behalf of client named, I have the authority to contract the above requested services. Should it be found that I do not have such authority, I agree to be personally liable for all costs and, if there should be action against me for this breach, reasonable attorneys' fees. It is understood that payment is expected to be cash with samples unless terms have been previously arranged. Terms are net 30 days; overdue accounts will be charged a liquidated damage fee of 2% per month (annually 24%) or $5.00 per month whichever is greater.

If payment is not made when due and a legitimate dispute exists concerning the product or services of Dellavalle Laboratory, Inc., it will be submitted to mediation under the Rules and Procedures of Creative Alternative to Litigation, Inc. (*cal*). If the dispute is not resolved in mediation, then the dispute will be submitted to binding arbitration through *cal* under its Rules and Procedures. The parties will equally bear the costs of mediation/arbitration. If, however, the mediator declares that no legitimate dispute exists, then debtor will pay all mediation and arbitration costs, and in the event of arbitration, reasonable attorneys' fees of Dellavalle Laboratory.

Invoicing Information:
Sampling hrs
Miles
Consulting

Shipping
$ In
$ Out

Amt Paid	Rec By	Check #	Date

Signature
Sample received in cooler with ice (coolant)
[ ] Yes [ ] No

DELLAVALLE™
LABORATORY INC

Frank N Rocha
23125 E Lone Tree Rd
Escalon, CA 95320

Account# 00-0026219
Account Manager: Scott Sakamoto
Submitted By: Jeanette Sawyer

Received: 09/21/2023 16:15
Reported: 10/03/2023 08:46

Samples in this Report

Lab ID	Sample	Matrix	Sampled By	Crop	Date Sampled
23I1435-01	DW Frank's House	Drinking Water			09/20/2023 6:30
23I1435-02	DW House on Dairy	Drinking Water			09/20/2023 6:30
23I1435-03	DW Milk Barn	Drinking Water			09/20/2023 6:30
23I1435-04	DW D2 House	Drinking Water			09/20/2023 6:30

Default Cooler Temperature on Receipt °C: 9.8

Containers Intact
COC/Labels Agree
Preservation Confirmed
Received On Ice

Notes and Definitions

Item	Definition
H	Hold Time Exceeded
MCL	Drinking Water Maximum Contaminant Level
ND	Analyte NOT DETECTED at or above the reporting limit.
NES	Not Enough Sample
*	Not Taken
RPD	Relative Percent Difference
%REC	Percent Recovery
Source	Sample that was matrix spiked or duplicated.

Scott McFriedland

Laboratory Director/Technical Manager

ELAP Certification #1595
A2LA Certification #6440.02

The results in this report apply to the samples as received and were analyzed in accordance with the chain of custody document. This analytical report must be reproduced in its entirety. All results listed in this report are for the exclusive use of the submitting party. Dellavalle Laboratory, Inc. assumes no responsibility for report alteration, separation, detachment or third party interpretation.

DELLAVALLE™
LABORATORY INC

Frank N Rocha
23125 E Lone Tree Rd
Escalon, CA 95320

Account# 00-0026219
Account Manager: Scott Sakamoto
Submitted By: Jeanette Sawyer

Received: 09/21/2023 16:15
Reported: 10/03/2023 08:46

Sample Results

Sample: DW Frank's House
23I1435-01 (Water)

Sampled: 9/20/2023 6:30
Sampled By:

Analyte	Result	Units	Reporting Limit	DIL	DW MCL	Date/Time Analyzed	Method	Notes	Batch
Electrical Conductivity	**0.24**	mmhos/cm	0.01	1		09/22/23 13:44	SM 2510 B		BEI0827
Electrical Conductivity umhos	**242**	umhos/cm	10.0	1		09/22/23 13:44	SM 2510 B		BEI0827
Ammonia (as N)	*	mg/L	0.00	1		09/20/23 06:30	Field		BEI0820
Nitrate Nitrogen as NO3N	**7.8**	mg/L	0.1	1	10	09/22/23 09:00	EPA 300.0		BEI0782
Temperature	**25.0**	units	0.0	1		09/22/23 13:44	SM 4500-H+	H	BEI0827
pH	**7.5**	units	1.0	1		09/22/23 13:44	SM 4500-H+	H	BEI0827
Kjeldahl Nitrogen (TKN), Total	ND	mg/L	1.00	1		09/27/23 09:52	SM 4500-NH3 C		BEI0904
Total Nitrogen	**7.78**	mg/L	1.00	1		09/27/23 09:52	SM 4500-NH3 C		BEI0904

The results in this report apply to the samples as received and were analyzed in accordance with the chain of custody document. This analytical report must be reproduced in its entirety. All results listed in this report are for the exclusive use of the submitting party. Dellavalle Laboratory, Inc. assumes no responsibility for report alteration, separation, detachment or third party interpretation.

DELLAVALLE™
LABORATORY INC

Frank N Rocha
23125 E Lone Tree Rd
Escalon, CA 95320

Account# 00-0026219
Account Manager: Scott Sakamoto
Submitted By: Jeanette Sawyer

Received: 09/21/2023 16:15
Reported: 10/03/2023 08:46

Sample Results
(Continued)

Sample: DW House on Dairy
23I1435-02 (Water)

Sampled: 9/20/2023 6:30
Sampled By:

Analyte	Result	Units	Reporting Limit	DIL	DW MCL	Date/Time Analyzed	Method	Notes	Batch
Electrical Conductivity	**0.16**	mmhos/cm	0.01	1		09/22/23 13:45	SM 2510 B		BEI0827
Electrical Conductivity umhos	**155**	umhos/cm	10.0	1		09/22/23 13:45	SM 2510 B		BEI0827
Ammonia (as N)	*	mg/L	0.00	1		09/20/23 06:30	Field		BEI0820
Nitrate Nitrogen as NO3N	**2.9**	mg/L	0.1	1	10	09/22/23 09:20	EPA 300.0		BEI0782
Temperature	**25.0**	units	0.0	1		09/22/23 13:45	SM 4500-H+	H	BEI0827
pH	**7.4**	units	1.0	1		09/22/23 13:45	SM 4500-H+	H	BEI0827
Kjeldahl Nitrogen (TKN), Total	ND	mg/L	1.00	1		09/27/23 10:02	SM 4500-NH3 C		BEI0904
Total Nitrogen	**2.95**	mg/L	1.00	1		09/27/23 10:02	SM 4500-NH3 C		BEI0904

The results in this report apply to the samples as received and were analyzed in accordance with the chain of custody document. This analytical report must be reproduced in its entirety. All results listed in this report are for the exclusive use of the submitting party. Dellavalle Laboratory, Inc. assumes no responsibility for report alteration, separation, detachment or third party interpretation.

DELLAVALLE™
LABORATORY INC

Frank N Rocha
23125 E Lone Tree Rd
Escalon, CA 95320

Account# 00-0026219
Account Manager: Scott Sakamoto
Submitted By: Jeanette Sawyer

Received: 09/21/2023 16:15
Reported: 10/03/2023 08:46

Sample Results
(Continued)

Sample: DW Milk Barn
23I1435-03 (Water)

Sampled: 9/20/2023 6:30
Sampled By:

Analyte	Result	Units	Reporting Limit	DIL	DW MCL	Date/Time Analyzed	Method	Notes	Batch
Electrical Conductivity	**0.57**	mmhos/cm	0.01	1		09/22/23 13:47	SM 2510 B		BEI0827
Electrical Conductivity umhos	**565**	umhos/cm	10.0	1		09/22/23 13:47	SM 2510 B		BEI0827
Ammonia (as N)	*	mg/L	0.00	1		09/20/23 06:30	Field		BEI0820
Nitrate Nitrogen as NO3N	**11.3**	mg/L	0.1	1	10	09/22/23 09:40	EPA 300.0		BEI0782
Temperature	**25.0**	units	0.0	1		09/22/23 13:47	SM 4500-H+	H	BEI0827
pH	**8.1**	units	1.0	1		09/22/23 13:47	SM 4500-H+	H	BEI0827
Kjeldahl Nitrogen (TKN), Total	ND	mg/L	1.00	1		09/27/23 10:03	SM 4500-NH3 C		BEI0904
Total Nitrogen	**11.7**	mg/L	1.00	1		09/27/23 10:03	SM 4500-NH3 C		BEI0904

The results in this report apply to the samples as received and were analyzed in accordance with the chain of custody document. This analytical report must be reproduced in its entirety. All results listed in this report are for the exclusive use of the submitting party. Dellavalle Laboratory, Inc. assumes no responsibility for report alteration, separation, detachment or third party interpretation.

DELLAVALLE™
LABORATORY INC

Frank N Rocha
23125 E Lone Tree Rd
Escalon, CA 95320

Account# 00-0026219
Account Manager: Scott Sakamoto
Submitted By: Jeanette Sawyer

Received: 09/21/2023 16:15
Reported: 10/03/2023 08:46

Sample Results
(Continued)

Sample: DW D2 House
23I1435-04 (Water)

Sampled: 9/20/2023 6:30
Sampled By:

Analyte	Result	Units	Reporting Limit	DIL	DW MCL	Date/Time Analyzed	Method	Notes	Batch
Electrical Conductivity	**0.77**	mmhos/cm	0.01	1		09/22/23 13:48	SM 2510 B		BEI0827
Electrical Conductivity umhos	**770**	umhos/cm	10.0	1		09/22/23 13:48	SM 2510 B		BEI0827
Ammonia (as N)	*	mg/L	0.00	1		09/20/23 06:30	Field		BEI0820
Nitrate Nitrogen as NO3N	**11.8**	mg/L	0.1	1	10	09/22/23 10:01	EPA 300.0		BEI0782
Temperature	**25.0**	units	0.0	1		09/22/23 13:48	SM 4500-H+	H	BEI0827
pH	**8.2**	units	1.0	1		09/22/23 13:48	SM 4500-H+	H	BEI0827
Kjeldahl Nitrogen (TKN), Total	ND	mg/L	1.00	1		09/27/23 10:05	SM 4500-NH3 C		BEI0904
Total Nitrogen	**11.8**	mg/L	1.00	1		09/27/23 10:05	SM 4500-NH3 C		BEI0904

The results in this report apply to the samples as received and were analyzed in accordance with the chain of custody document. This analytical report must be reproduced in its entirety. All results listed in this report are for the exclusive use of the submitting party. Dellavalle Laboratory, Inc. assumes no responsibility for report alteration, separation, detachment or third party interpretation.

09/21/23 16:15 2311435

DELLAVALLE LABORATORY, INC.

1910 W. McKinley Avenue, Suite 110 • Fresno, CA 93728
www.dellavallelab.com 559 233-6129 · 800 228-9896 · Fax 559 268-8174

Purchase Order No | Bill To: Acct # 8 | Cons # 13

Results Need By

No. Samples: 8 4 | No of Bottles: 8

Water Type: [ ] Drinking Water [ ] Wastewater [ ] Ag Water [ ] Groundwater [ ] Monitoring Well

Other:

Name: Frank N Rocha
Address: 23125 E Lone Tree Rd
City: Escalon State: CA Zip: 95320
Telephone: 209 838-1797 Fax:
Cell/Email:
COPY TO: F&R Ag Services
& J Sawyer@Fragservices.com
REQUESTED BY: Jeanette Sawyer
PROJECT:
CROP:

Analysis and Bottles Required: (*Please indicate Analysis*)

DWW 1 + TW

[ ] Co. Health Dept
[ ] RWQCB [ ] Copy of Chain
[ ] State Forms [ ] QA/QC Documents

Sampled By:

NO3		Description of Samples	Date Sampled	Time Sampled	Rec'd Temp °C	Field EC
7.78	1	DW Frank's House	9/20/23	Started 6:30 AM	9.8	
2.95	2	House on Dairy			8.8	
11.33	3	milk Barn			7.3	
11.78	4	D2 House			10.0	
	5					
	6					
	7	Kara 9/29/23				
	8	10:48 - emailed Jeanette				
	9	asking to call (misplaced J's phone #)				
	10	10/2/23 14:45 - emailed J again				
		16:42 - per Jeanette, OK & Mx				

IR Thermometer SN: 200560723
Correction Factor: 0°C
Calibration Due: 9/26/2023
Location: Laboratory

CHAIN OF CUSTODY

Carrier	Signature	Company	Received (Date/Time)	Relinquished (Date/Time)
First	Jeanette Sawyer	F&R Ag Services		
Second	SM	DLV	9/21 9:50a	
Third				
Fourth	JS	DLV	9/21/23 16:15	

I guarantee that as the client, or on behalf of client named, I have the authority to contract the above requested services. Should it be found that I do not have such authority, I agree to be personally liable for all costs and, if there should be action against me for this breach, reasonable attorneys' fees. It is understood that payment is expected to be cash with samples unless terms have been previously arranged. Terms are net 30 days; overdue accounts will be charged a liquidated damage fee of 2% per month (annually 24%) or $5.00 per month whichever is greater.

If payment is not made when due and a legitimate dispute exists concerning the product or services of Dellavalle Laboratory, Inc., it will be submitted to mediation under the Rules and Procedures of Creative Alternative to Litigation, Inc. (*cal*). If the dispute is not resolved in mediation, then the dispute will be submitted to binding arbitration through *cal* under its Rules and Procedures. The parties will equally bear the costs of mediation/arbitration. If, however, the mediator declares that no legitimate dispute exists, then debtor will pay all mediation and arbitration costs, and in the event of arbitration, reasonable attorneys' fees of Dellavalle Laboratory.

Invoicing Information:

Sampling hrs
Miles
Consulting

Shipping

$ In
$ Out

Amt Paid	Rec By	Check #	Date

Signature

Sample received in cooler with ice (coolant)
[ ] Yes [ ] No

2023 Annual Report Frank Rocha Dairy

Final Audit Report 2024-06-27

Created:	2024-06-27
By:	Vince Furtado (vfurtado@fragservices.com)
Status:	Signed
Transaction ID:	CBJCHBCAABAAobe8PL4RX8cXAT5Ozeo13G6xKKQbs5-m

"2023 Annual Report Frank Rocha Dairy" History

Document created by Vince Furtado (vfurtado@fragservices.com)
2024-06-27 - 9:08:18 PM GMT

Document emailed to rsdairy20@gmail.com for signature
2024-06-27 - 9:09:19 PM GMT

Email viewed by rsdairy20@gmail.com
2024-06-27 - 9:09:30 PM GMT

Signer rsdairy20@gmail.com entered name at signing as Johnny Silva
2024-06-27 - 9:15:23 PM GMT

Document e-signed by Johnny Silva (rsdairy20@gmail.com)
Signature Date: 2024-06-27 - 9:15:25 PM GMT - Time Source: server

Agreement completed.
2024-06-27 - 9:15:25 PM GMT