**Annual Report - General Order No. R5-2007-0035**
*Reporting period 01/01/2023 to 12/31/2023.*

DAIRY FACILITY INFORMATION

**A. NAME OF DAIRY OR BUSINESS OPERATING THE DAIRY:** Ahlem Farms Partnership

Physical address of dairy:

| Number and Street | City | County | Zip Code |
|---|---|---|---|
| 24093 W American AVE | Hilmar | Merced | 95324 |

Street and nearest cross street (if no address):

Date facility was originally placed in operation: 01/01/1938

Regional Water Quality Control Board Basin Plan designation: San Joaquin River Basin

County Assessor Parcel Number(s) for dairy facility:

X045-X020-X028-XXXX X045-X020-X029-XXXX X045-X180-X006-XXXX

**B. OPERATORS**

Herrera-Ahlem, Sabino

Operator name: Herrera-Ahlem, Sabino

Telephone no.: (209) 632-5822 (Landline) (Cellular)

| Mailing Address Number and Street | City | State | Zip Code |
|---|---|---|---|
| 24093 W American AVE | Hilmar | CA | 95324 |

**This operator is responsible for paying permit fees.**

**C. OWNERS**

Ahlem, Carolyn

Legal owner name: Ahlem, Carolyn

Telephone no.: (209) 632-5822 (Landline) (Cellular)

| Mailing Address Number and Street | City | State | Zip Code |
|---|---|---|---|
| 24093 W American AVE | Hilmar | CA | 95324 |

Herrera-Ahlem, Sabino

Legal owner name: Herrera-Ahlem, Sabino

Telephone no.: (209) 632-5822

| Landline | Cellular |
|---|---|
| | |

| Mailing Address Number and Street | City | State | Zip Code |
|---|---|---|---|
| 24093 W American AVE | Hilmar | CA | 95324 |

**This owner is responsible for paying permit fees.**

AVAILABLE NUTRIENTS

## A. HERD INFORMATION

| | Milk Cows | Dry Cows | Bred Heifers (15-24 mo.) | Heifers (7-14 mo. to breeding) | Calves (4-6 mo.) | Calves (0-3 mo.) |
|---|---|---|---|---|---|---|
| Number open confinement | 0 | 0 | 700 | 700 | 550 | 550 |
| Number under roof | 3,000 | 450 | 0 | 0 | 0 | 0 |
| Maximum number | 3,000 | 450 | 700 | 700 | 550 | 550 |
| Average number | 3,000 | 450 | 700 | 700 | 550 | 550 |
| Avg live weight (lbs) | 950 | 1,000 | 750 | 500 | | |

Predominant milk cow breed: Jersey

Average milk production: 60 *pounds per cow per day*

## B. MANURE GENERATED

Total manure excreted by the herd: 95,898.48 *tons per reporting period*

Total nitrogen from manure: 1,231,301.50 *lbs per reporting period*

After ammonia losses (30% loss applied): 861,911.05 *lbs per reporting period*

Total phosphorus from manure: 199,168.50 *lbs per reporting period*

Total potassium from manure: 554,817.68 *lbs per reporting period*

Total salt from manure: 1,516,027.50 *lbs per reporting period*

## C. PROCESS WASTEWATER GENERATED

Process wastewater generated: 68,454,000 *gallons*

Total nitrogen generated: 204,263.97 *lbs*

Total phosphorus generated: 32,551.59 *lbs*

Total potassium generated: 501,116.03 *lbs*

Total salt generated: 2,601,363.82 *lbs*

| | | |
|---|---|---|
| | 68,454,000 | *gallons applied* |
| + | 0 | *gallons exported* |
| - | 0 | *gallons imported* |
| = | 68,454,000 | *gallons generated* |

## D. FRESH WATER SOURCES

| Source Description | Type |
|---|---|
| Canal | Surface water |

## E. SUBSURFACE (TILE) DRAINAGE SOURCES

| Source Description |
|---|

| Source Description |
|---|
| Tile Drain |

## F. NUTRIENT IMPORTS

*No dry manure nutrient imports entered.*

*No process wastewater nutrient imports entered.*

*No commercial or other nutrient imports entered.*

## G. NUTRIENT EXPORTS

| Date | Material type | Quantity | Reporting basis | Moisture (%) | Density (lbs/cu ft) | N (mg/kg) | P (mg/kg) | K (mg/kg) | Salt (mg/kg) | TFS (%) |
|---|---|---|---|---|---|---|---|---|---|---|
| 05/31/2023 | Corral solids | 6,000.00 *ton* | Dry-weight | 44.4 | | 11,100.00 | 3,100.00 | 6,200.00 | | 59.20 |
| 09/28/2023 | Separator solids | 4,800.00 *ton* | Dry-weight | 74.4 | | 16,500.00 | 1,900.00 | 4,600.00 | | 5.30 |

*No liquid nutrient exports entered.*

| Material type | Total N (lbs) | Total P (lbs) | Total K (lbs) | Total salt (lbs) |
|---|---|---|---|---|
| Dry manure | 114,609.60 | 25,352.64 | 52,671.36 | 4,080,076.80 |
| Process wastewater | 0.00 | 0.00 | 0.00 | 0.00 |
| Total exports for all materials | 114,609.60 | 25,352.64 | 52,671.36 | 4,080,076.80 |

APPLICATION AREA

## A. LIST OF LAND APPLICATION AREAS

| Field name | Controlled acres | Cropable acres | Total harvests | Type of waste applied | Parcel number |
|---|---|---|---|---|---|
| Belew | 20 | 20 | 2 | process wastewater | X045-X020-X019-XXXX |
| Clover East | 40 | 40 | 2 | process wastewater | X045-X020-X030-XXXX |
| Clover West | 40 | 40 | 2 | process wastewater | X045-X020-X030-XXXX |
| Coehlo | 40 | 40 | 2 | process wastewater | X045-X020-X012-XXXX<br>X057-X014-X010-XXXX |
| Coehlo S | 40 | 40 | 2 | process wastewater | X045-X020-X013-XXXX |
| Dias East/West | 40 | 40 | 2 | process wastewater | X045-X040-X014-XXXX |
| Ferreira 40 | 40 | 40 | 2 | process wastewater | X045-X020-X023-XXXX |
| Ferreira 50 | 50 | 50 | 2 | process wastewater | X045-X180-X006-XXXX<br>X045-X180-X011-XXXX |
| Jones | 20 | 20 | 2 | process wastewater | X045-X020-X014-XXXX |
| Kindberg 35 | 35 | 35 | 2 | process wastewater | X045-X020-X034-XXXX |
| Nyman | 40 | 40 | 2 | process wastewater | X045-X020-X011-XXXX<br>X057-X014-X009-XXXX |
| Totals for areas that were used for application | 405 | 405 | 22 | | |
| Totals for areas that were not used for application | | | | | |
| Land application area totals | 405 | 405 | 22 | | |

## B. CROPS AND HARVESTS

Belew

Field name: Belew

10/24/2022: Oats, silage-soft dough

Crop: Oats, silage-soft dough  Acres planted: 20  Plant date: 10/24/2022

| Harvest date | Yield | Reporting basis | Density (lbs/cu ft) | Moisture (%) | N (mg/kg) | P (mg/kg) | K (mg/kg) | Salt (mg/kg) | TFS (%) |
|---|---|---|---|---|---|---|---|---|---|
| 04/14/2023 | 243.06 *ton* | As-is | | 70.0 | 8,700.00 | 800.00 | 8,600.00 | | 8.22 |

| | Yield (tons/acre) | Total N (lbs/acre) | Total P (lbs/acre) | Total K (lbs/acre) | Salt (lbs/acre) |
|---|---|---|---|---|---|
| Anticipated harvest content | 16.00 | 160.00 | 25.60 | 132.80 | 0.00 |
| Total actual harvest content | 12.15 | 211.46 | 19.44 | 209.03 | 599.39 |

## Belew

### 05/18/2023: Corn, silage

Crop: Corn, silage  Acres planted: 20  Plant date: 05/18/2023

| Harvest date | Yield | Reporting basis | Density (lbs/cu ft) | Moisture (%) | N (mg/kg) | P (mg/kg) | K (mg/kg) | Salt (mg/kg) | TFS (%) |
|---|---|---|---|---|---|---|---|---|---|
| 09/01/2023 | 692.41 *ton* | As-is | | 75.0 | 3,100.00 | 500.00 | 4,700.00 | | 7.90 |

| | Yield (tons/acre) | Total N (lbs/acre) | Total P (lbs/acre) | Total K (lbs/acre) | Salt (lbs/acre) |
|---|---|---|---|---|---|
| Anticipated harvest content | 30.00 | 240.00 | 45.00 | 198.00 | 0.00 |
| Total actual harvest content | 34.62 | 214.65 | 34.62 | 325.43 | 1,367.51 |

## Clover East

Field name: Clover East

### 10/25/2022: Oats, silage-soft dough

Crop: Oats, silage-soft dough  Acres planted: 40  Plant date: 10/25/2022

| Harvest date | Yield | Reporting basis | Density (lbs/cu ft) | Moisture (%) | N (mg/kg) | P (mg/kg) | K (mg/kg) | Salt (mg/kg) | TFS (%) |
|---|---|---|---|---|---|---|---|---|---|
| 04/15/2023 | 449.36 *ton* | As-is | | 70.0 | 9,900.00 | 800.00 | 7,600.00 | | 8.74 |

| | Yield (tons/acre) | Total N (lbs/acre) | Total P (lbs/acre) | Total K (lbs/acre) | Salt (lbs/acre) |
|---|---|---|---|---|---|
| Anticipated harvest content | 16.00 | 160.00 | 25.60 | 132.80 | 0.00 |
| Total actual harvest content | 11.23 | 222.43 | 17.97 | 170.76 | 589.11 |

### 06/05/2023: Corn, silage

Crop: Corn, silage  Acres planted: 40  Plant date: 06/05/2023

| Harvest date | Yield | Reporting basis | Density (lbs/cu ft) | Moisture (%) | N (mg/kg) | P (mg/kg) | K (mg/kg) | Salt (mg/kg) | TFS (%) |
|---|---|---|---|---|---|---|---|---|---|
| 09/22/2023 | 1,136.09 *ton* | As-is | | 67.4 | 3,800.00 | 800.00 | 5,500.00 | | 5.01 |

| | Yield (tons/acre) | Total N (lbs/acre) | Total P (lbs/acre) | Total K (lbs/acre) | Salt (lbs/acre) |
|---|---|---|---|---|---|
| Anticipated harvest content | 30.00 | 240.00 | 45.00 | 198.00 | 0.00 |
| Total actual harvest content | 28.40 | 215.86 | 45.44 | 312.42 | 927.77 |

## Clover West

Field name: Clover West

### 11/06/2022: Oats, silage-soft dough

Crop: Oats, silage-soft dough Acres planted: 40 Plant date: 11/06/2022

| Harvest date | Yield | Reporting basis | Density (lbs/cu ft) | Moisture (%) | N (mg/kg) | P (mg/kg) | K (mg/kg) | Salt (mg/kg) | TFS (%) |
|---|---|---|---|---|---|---|---|---|---|
| 05/11/2023 | 406.90 *ton* | As-is | | 75.0 | 9,600.00 | 600.00 | 7,200.00 | | 8.37 |

| | Yield (tons/acre) | Total N (lbs/acre) | Total P (lbs/acre) | Total K (lbs/acre) | Salt (lbs/acre) |
|---|---|---|---|---|---|
| Anticipated harvest content | 16.00 | 160.00 | 25.60 | 132.80 | 0.00 |
| Total actual harvest content | 10.17 | 195.31 | 12.21 | 146.48 | 425.72 |

### 06/05/2023: Corn, silage

Crop: Corn, silage Acres planted: 40 Plant date: 06/05/2023

| Harvest date | Yield | Reporting basis | Density (lbs/cu ft) | Moisture (%) | N (mg/kg) | P (mg/kg) | K (mg/kg) | Salt (mg/kg) | TFS (%) |
|---|---|---|---|---|---|---|---|---|---|
| 09/22/2023 | 1,067.65 *ton* | As-is | | 66.6 | 3,900.00 | 800.00 | 5,400.00 | | 4.47 |

| | Yield (tons/acre) | Total N (lbs/acre) | Total P (lbs/acre) | Total K (lbs/acre) | Salt (lbs/acre) |
|---|---|---|---|---|---|
| Anticipated harvest content | 30.00 | 240.00 | 45.00 | 198.00 | 0.00 |
| Total actual harvest content | 26.69 | 208.19 | 42.71 | 288.27 | 796.99 |

## Coehlo

Field name: Coehlo

### 10/25/2022: Oats, silage-soft dough

Crop: Oats, silage-soft dough Acres planted: 40 Plant date: 10/25/2022

| Harvest date | Yield | Reporting basis | Density (lbs/cu ft) | Moisture (%) | N (mg/kg) | P (mg/kg) | K (mg/kg) | Salt (mg/kg) | TFS (%) |
|---|---|---|---|---|---|---|---|---|---|
| 04/14/2023 | 387.89 *ton* | As-is | | 70.0 | 8,600.00 | 700.00 | 8,200.00 | | 7.76 |

| | Yield (tons/acre) | Total N (lbs/acre) | Total P (lbs/acre) | Total K (lbs/acre) | Salt (lbs/acre) |
|---|---|---|---|---|---|
| Anticipated harvest content | 16.00 | 160.00 | 25.60 | 132.80 | 0.00 |
| Total actual harvest content | 9.70 | 166.79 | 13.58 | 159.03 | 451.50 |

## Coehlo

### 05/18/2023: Corn, silage

Crop: Corn, silage  Acres planted: 40  Plant date: 05/18/2023

| Harvest date | Yield | Reporting basis | Density (lbs/cu ft) | Moisture (%) | N (mg/kg) | P (mg/kg) | K (mg/kg) | Salt (mg/kg) | TFS (%) |
|---|---|---|---|---|---|---|---|---|---|
| 09/01/2023 | 1,291.69 *ton* | As-is | | 73.6 | 3,100.00 | 400.00 | 4,500.00 | | 7.70 |

| | Yield (tons/acre) | Total N (lbs/acre) | Total P (lbs/acre) | Total K (lbs/acre) | Salt (lbs/acre) |
|---|---|---|---|---|---|
| Anticipated harvest content | 30.00 | 240.00 | 45.00 | 198.00 | 0.00 |
| Total actual harvest content | 32.29 | 200.21 | 25.83 | 290.63 | 1,312.87 |

## Coehlo S

Field name: Coehlo S

### 10/24/2022: Oats, silage-soft dough

Crop: Oats, silage-soft dough  Acres planted: 40  Plant date: 10/24/2022

| Harvest date | Yield | Reporting basis | Density (lbs/cu ft) | Moisture (%) | N (mg/kg) | P (mg/kg) | K (mg/kg) | Salt (mg/kg) | TFS (%) |
|---|---|---|---|---|---|---|---|---|---|
| 04/14/2023 | 390.83 *ton* | As-is | | 70.0 | 9,900.00 | 800.00 | 7,600.00 | | 8.74 |

| | Yield (tons/acre) | Total N (lbs/acre) | Total P (lbs/acre) | Total K (lbs/acre) | Salt (lbs/acre) |
|---|---|---|---|---|---|
| Anticipated harvest content | 16.00 | 160.00 | 25.60 | 132.80 | 0.00 |
| Total actual harvest content | 9.77 | 193.46 | 15.63 | 148.52 | 512.38 |

### 05/19/2023: Corn, silage

Crop: Corn, silage  Acres planted: 40  Plant date: 05/19/2023

| Harvest date | Yield | Reporting basis | Density (lbs/cu ft) | Moisture (%) | N (mg/kg) | P (mg/kg) | K (mg/kg) | Salt (mg/kg) | TFS (%) |
|---|---|---|---|---|---|---|---|---|---|
| 09/01/2023 | 1,248.48 *ton* | As-is | | 74.6 | 3,200.00 | 500.00 | 4,400.00 | | 8.40 |

| | Yield (tons/acre) | Total N (lbs/acre) | Total P (lbs/acre) | Total K (lbs/acre) | Salt (lbs/acre) |
|---|---|---|---|---|---|
| Anticipated harvest content | 30.00 | 240.00 | 45.00 | 198.00 | 0.00 |
| Total actual harvest content | 31.21 | 199.76 | 31.21 | 274.67 | 1,331.88 |

## Dias East/West

Field name: Dias East/West

### 10/25/2022: Oats, silage-soft dough

Crop: Oats, silage-soft dough Acres planted: 40 Plant date: 10/25/2022

| Harvest date | Yield | Reporting basis | Density (lbs/cu ft) | Moisture (%) | N (mg/kg) | P (mg/kg) | K (mg/kg) | Salt (mg/kg) | TFS (%) |
|---|---|---|---|---|---|---|---|---|---|
| 04/15/2023 | 430.10 *ton* | As-is | | 75.0 | 9,600.00 | 600.00 | 7,200.00 | | 8.37 |

| | Yield (tons/acre) | Total N (lbs/acre) | Total P (lbs/acre) | Total K (lbs/acre) | Salt (lbs/acre) |
|---|---|---|---|---|---|
| Anticipated harvest content | 16.00 | 160.00 | 25.60 | 132.80 | 0.00 |
| Total actual harvest content | 10.75 | 206.45 | 12.90 | 154.84 | 449.99 |

### 06/05/2023: Corn, silage

Crop: Corn, silage Acres planted: 40 Plant date: 06/05/2023

| Harvest date | Yield | Reporting basis | Density (lbs/cu ft) | Moisture (%) | N (mg/kg) | P (mg/kg) | K (mg/kg) | Salt (mg/kg) | TFS (%) |
|---|---|---|---|---|---|---|---|---|---|
| 09/23/2023 | 1,154.39 *ton* | As-is | | 62.4 | 4,300.00 | 700.00 | 5,700.00 | | 4.84 |

| | Yield (tons/acre) | Total N (lbs/acre) | Total P (lbs/acre) | Total K (lbs/acre) | Salt (lbs/acre) |
|---|---|---|---|---|---|
| Anticipated harvest content | 30.00 | 240.00 | 45.00 | 198.00 | 0.00 |
| Total actual harvest content | 28.86 | 248.19 | 40.40 | 329.00 | 1,050.40 |

## Ferreira 40

Field name: Ferreira 40

### 10/24/2022: Oats, silage-soft dough

Crop: Oats, silage-soft dough Acres planted: 40 Plant date: 10/24/2022

| Harvest date | Yield | Reporting basis | Density (lbs/cu ft) | Moisture (%) | N (mg/kg) | P (mg/kg) | K (mg/kg) | Salt (mg/kg) | TFS (%) |
|---|---|---|---|---|---|---|---|---|---|
| 04/14/2023 | 497.22 *ton* | As-is | | 75.0 | 9,000.00 | 700.00 | 8,300.00 | | 9.19 |

| | Yield (tons/acre) | Total N (lbs/acre) | Total P (lbs/acre) | Total K (lbs/acre) | Salt (lbs/acre) |
|---|---|---|---|---|---|
| Anticipated harvest content | 16.00 | 160.00 | 25.60 | 132.80 | 0.00 |
| Total actual harvest content | 12.43 | 223.75 | 17.40 | 206.35 | 571.18 |

## Ferreira 40

### 05/18/2023: Corn, silage

Crop: Corn, silage  Acres planted: 40  Plant date: 05/18/2023

| Harvest date | Yield | Reporting basis | Density (lbs/cu ft) | Moisture (%) | N (mg/kg) | P (mg/kg) | K (mg/kg) | Salt (mg/kg) | TFS (%) |
|---|---|---|---|---|---|---|---|---|---|
| 08/31/2023 | 1,165.33 *ton* | As-is | | 71.0 | 4,100.00 | 600.00 | 4,200.00 | | 8.50 |

| | Yield (tons/acre) | Total N (lbs/acre) | Total P (lbs/acre) | Total K (lbs/acre) | Salt (lbs/acre) |
|---|---|---|---|---|---|
| Anticipated harvest content | 30.00 | 240.00 | 45.00 | 198.00 | 0.00 |
| Total actual harvest content | 29.13 | 238.89 | 34.96 | 244.72 | 1,436.27 |

## Ferreira 50

Field name: Ferreira 50

### 10/25/2022: Oats, silage-soft dough

Crop: Oats, silage-soft dough  Acres planted: 50  Plant date: 10/25/2022

| Harvest date | Yield | Reporting basis | Density (lbs/cu ft) | Moisture (%) | N (mg/kg) | P (mg/kg) | K (mg/kg) | Salt (mg/kg) | TFS (%) |
|---|---|---|---|---|---|---|---|---|---|
| 04/15/2023 | 607.24 *ton* | As-is | | 75.0 | 9,000.00 | 700.00 | 8,300.00 | | 9.19 |

| | Yield (tons/acre) | Total N (lbs/acre) | Total P (lbs/acre) | Total K (lbs/acre) | Salt (lbs/acre) |
|---|---|---|---|---|---|
| Anticipated harvest content | 16.00 | 160.00 | 25.60 | 132.80 | 0.00 |
| Total actual harvest content | 12.14 | 218.61 | 17.00 | 201.60 | 558.05 |

### 06/05/2023: Corn, silage

Crop: Corn, silage  Acres planted: 50  Plant date: 06/05/2023

| Harvest date | Yield | Reporting basis | Density (lbs/cu ft) | Moisture (%) | N (mg/kg) | P (mg/kg) | K (mg/kg) | Salt (mg/kg) | TFS (%) |
|---|---|---|---|---|---|---|---|---|---|
| 09/23/2023 | 1,499.71 *ton* | As-is | | 67.4 | 3,800.00 | 800.00 | 5,500.00 | | 5.01 |

| | Yield (tons/acre) | Total N (lbs/acre) | Total P (lbs/acre) | Total K (lbs/acre) | Salt (lbs/acre) |
|---|---|---|---|---|---|
| Anticipated harvest content | 30.00 | 240.00 | 45.00 | 198.00 | 0.00 |
| Total actual harvest content | 29.99 | 227.96 | 47.99 | 329.94 | 979.77 |

## Jones

Field name: Jones

### 10/25/2022: Oats, silage-soft dough

Crop: Oats, silage-soft dough  Acres planted: 20  Plant date: 10/25/2022

| Harvest date | Yield | Reporting basis | Density (lbs/cu ft) | Moisture (%) | N (mg/kg) | P (mg/kg) | K (mg/kg) | Salt (mg/kg) | TFS (%) |
|---|---|---|---|---|---|---|---|---|---|
| 04/14/2023 | 216.88 *ton* | As-is | | 70.0 | 8,700.00 | 800.00 | 8,600.00 | | 8.22 |

| | Yield (tons/acre) | Total N (lbs/acre) | Total P (lbs/acre) | Total K (lbs/acre) | Salt (lbs/acre) |
|---|---|---|---|---|---|
| Anticipated harvest content | 16.00 | 160.00 | 25.60 | 132.80 | 0.00 |
| Total actual harvest content | 10.84 | 188.69 | 17.35 | 186.52 | 534.83 |

### 05/18/2023: Corn, silage

Crop: Corn, silage  Acres planted: 20  Plant date: 05/18/2023

| Harvest date | Yield | Reporting basis | Density (lbs/cu ft) | Moisture (%) | N (mg/kg) | P (mg/kg) | K (mg/kg) | Salt (mg/kg) | TFS (%) |
|---|---|---|---|---|---|---|---|---|---|
| 09/01/2023 | 515.95 *ton* | As-is | | 68.2 | 3,800.00 | 600.00 | 4,500.00 | | 3.59 |

| | Yield (tons/acre) | Total N (lbs/acre) | Total P (lbs/acre) | Total K (lbs/acre) | Salt (lbs/acre) |
|---|---|---|---|---|---|
| Anticipated harvest content | 30.00 | 240.00 | 45.00 | 198.00 | 0.00 |
| Total actual harvest content | 25.80 | 196.06 | 30.96 | 232.18 | 589.02 |

## Kindberg 35

Field name: Kindberg 35

### 11/06/2022: Oats, silage-soft dough

Crop: Oats, silage-soft dough  Acres planted: 35  Plant date: 11/06/2022

| Harvest date | Yield | Reporting basis | Density (lbs/cu ft) | Moisture (%) | N (mg/kg) | P (mg/kg) | K (mg/kg) | Salt (mg/kg) | TFS (%) |
|---|---|---|---|---|---|---|---|---|---|
| 05/13/2023 | 442.48 *ton* | As-is | | 70.0 | 8,600.00 | 700.00 | 8,200.00 | | 7.76 |

| | Yield (tons/acre) | Total N (lbs/acre) | Total P (lbs/acre) | Total K (lbs/acre) | Salt (lbs/acre) |
|---|---|---|---|---|---|
| Anticipated harvest content | 16.00 | 160.00 | 25.60 | 132.80 | 0.00 |
| Total actual harvest content | 12.64 | 217.45 | 17.70 | 207.33 | 588.62 |

## Kindberg 35

### 06/05/2023: Corn, silage

Crop: Corn, silage  Acres planted: 35  Plant date: 06/05/2023

| Harvest date | Yield | Reporting basis | Density (lbs/cu ft) | Moisture (%) | N (mg/kg) | P (mg/kg) | K (mg/kg) | Salt (mg/kg) | TFS (%) |
|---|---|---|---|---|---|---|---|---|---|
| 09/22/2023 | 1,063.93 *ton* | As-is | | 68.2 | 3,800.00 | 600.00 | 4,500.00 | | 3.59 |

| | Yield (tons/acre) | Total N (lbs/acre) | Total P (lbs/acre) | Total K (lbs/acre) | Salt (lbs/acre) |
|---|---|---|---|---|---|
| Anticipated harvest content | 30.00 | 240.00 | 45.00 | 198.00 | 0.00 |
| Total actual harvest content | 30.40 | 231.02 | 36.48 | 273.58 | 694.06 |

## Nyman

Field name: Nyman

### 10/25/2022: Oats, silage-soft dough

Crop: Oats, silage-soft dough  Acres planted: 40  Plant date: 10/25/2022

| Harvest date | Yield | Reporting basis | Density (lbs/cu ft) | Moisture (%) | N (mg/kg) | P (mg/kg) | K (mg/kg) | Salt (mg/kg) | TFS (%) |
|---|---|---|---|---|---|---|---|---|---|
| 04/15/2023 | 373.88 *ton* | As-is | | 70.0 | 11,100.00 | 800.00 | 9,600.00 | | 9.54 |

| | Yield (tons/acre) | Total N (lbs/acre) | Total P (lbs/acre) | Total K (lbs/acre) | Salt (lbs/acre) |
|---|---|---|---|---|---|
| Anticipated harvest content | 16.00 | 160.00 | 25.60 | 132.80 | 0.00 |
| Total actual harvest content | 9.35 | 207.50 | 14.96 | 179.46 | 535.02 |

### 05/19/2023: Corn, silage

Crop: Corn, silage  Acres planted: 40  Plant date: 05/19/2023

| Harvest date | Yield | Reporting basis | Density (lbs/cu ft) | Moisture (%) | N (mg/kg) | P (mg/kg) | K (mg/kg) | Salt (mg/kg) | TFS (%) |
|---|---|---|---|---|---|---|---|---|---|
| 09/01/2023 | 1,163.42 *ton* | As-is | | 72.6 | 3,400.00 | 400.00 | 4,200.00 | | 7.50 |

| | Yield (tons/acre) | Total N (lbs/acre) | Total P (lbs/acre) | Total K (lbs/acre) | Salt (lbs/acre) |
|---|---|---|---|---|---|
| Anticipated harvest content | 30.00 | 240.00 | 45.00 | 198.00 | 0.00 |
| Total actual harvest content | 29.09 | 197.78 | 23.27 | 244.32 | 1,195.41 |

NUTRIENT BUDGET

## A. LAND APPLICATIONS

### Belew - 10/24/2022: Oats, silage-soft dough

Field name: Belew

Crop: Oats, silage-soft dough — Plant date: 10/24/2022

| Application date | Application method | Precipitation 24 hours prior | Precipitation during application | Precipitation 24 hours following |
|---|---|---|---|---|
| 10/12/2022 | Surface (irrigation) | No precipitation | No precipitation | No precipitation |

| Source description | Material type | N (lbs/acre) | P (lbs/acre) | K (lbs/acre) | Salt (lbs/acre) | Amount |
|---|---|---|---|---|---|---|
| WWS | Process wastewater | 69.40 | 11.31 | 216.60 | 908.47 | 504,000.00 *gal* |
| Canal | Surface water | 0.00 | 0.00 | 0.00 | 292.43 | 3,259,780.00 *gal* |
| Application event totals | | 69.40 | 11.31 | 216.60 | 1,200.90 | |

| | | | | |
|---|---|---|---|---|
| 12/31/2022 | Surface (irrigation) | No precipitation | No precipitation | No precipitation |

| Source description | Material type | N (lbs/acre) | P (lbs/acre) | K (lbs/acre) | Salt (lbs/acre) | Amount |
|---|---|---|---|---|---|---|
| WWS | Process wastewater | 59.48 | 9.70 | 185.66 | 778.69 | 432,000.00 *gal* |
| Application event totals | | 59.48 | 9.70 | 185.66 | 778.69 | |

| | | | | |
|---|---|---|---|---|
| 02/18/2023 | Surface (irrigation) | No precipitation | No precipitation | No precipitation |

| Source description | Material type | N (lbs/acre) | P (lbs/acre) | K (lbs/acre) | Salt (lbs/acre) | Amount |
|---|---|---|---|---|---|---|
| WWS | Process wastewater | 39.66 | 6.47 | 123.77 | 519.13 | 288,000.00 *gal* |
| Application event totals | | 39.66 | 6.47 | 123.77 | 519.13 | |

| | | | | |
|---|---|---|---|---|
| 04/01/2023 | Surface (irrigation) | No precipitation | No precipitation | No precipitation |

| Source description | Material type | N (lbs/acre) | P (lbs/acre) | K (lbs/acre) | Salt (lbs/acre) | Amount |
|---|---|---|---|---|---|---|
| WWS | Process wastewater | 49.57 | 8.08 | 154.72 | 648.91 | 360,000.00 *gal* |
| Canal | Surface water | 0.00 | 0.00 | 0.00 | 228.80 | 2,550,500.00 *gal* |
| Application event totals | | 49.57 | 8.08 | 154.72 | 877.71 | |

### Belew - 05/18/2023: Corn, silage

Field name: Belew

Crop: Corn, silage — Plant date: 05/18/2023

Belew - 05/18/2023: Corn, silage

| Application date | Application method | Precipitation 24 hours prior | Precipitation during application | Precipitation 24 hours following |
|---|---|---|---|---|
| 05/07/2023 | Surface (irrigation) | No precipitation | No precipitation | No precipitation |

| Source description | Material type | N (lbs/acre) | P (lbs/acre) | K (lbs/acre) | Salt (lbs/acre) | Amount |
|---|---|---|---|---|---|---|
| WWS | Process wastewater | 204.29 | 8.26 | 127.53 | 1,249.75 | 360,000.00 *gal* |
| Canal | Surface water | 0.00 | 0.00 | 0.00 | 299.54 | 3,339,000.00 *gal* |
| Application event totals | | 204.29 | 8.26 | 127.53 | 1,549.28 | |

| Application date | Application method | Precipitation 24 hours prior | Precipitation during application | Precipitation 24 hours following |
|---|---|---|---|---|
| 06/21/2023 | Surface (irrigation) | No precipitation | No precipitation | No precipitation |

| Source description | Material type | N (lbs/acre) | P (lbs/acre) | K (lbs/acre) | Salt (lbs/acre) | Amount |
|---|---|---|---|---|---|---|
| Canal | Surface water | 0.00 | 0.00 | 0.00 | 253.43 | 2,825,000.00 *gal* |
| Application event totals | | 0.00 | 0.00 | 0.00 | 253.43 | |

| Application date | Application method | Precipitation 24 hours prior | Precipitation during application | Precipitation 24 hours following |
|---|---|---|---|---|
| 07/03/2023 | Surface (irrigation) | No precipitation | No precipitation | No precipitation |

| Source description | Material type | N (lbs/acre) | P (lbs/acre) | K (lbs/acre) | Salt (lbs/acre) | Amount |
|---|---|---|---|---|---|---|
| Canal | Surface water | 0.00 | 0.00 | 0.00 | 232.57 | 2,592,520.00 *gal* |
| Application event totals | | 0.00 | 0.00 | 0.00 | 232.57 | |

| Application date | Application method | Precipitation 24 hours prior | Precipitation during application | Precipitation 24 hours following |
|---|---|---|---|---|
| 07/16/2023 | Surface (irrigation) | No precipitation | No precipitation | No precipitation |

| Source description | Material type | N (lbs/acre) | P (lbs/acre) | K (lbs/acre) | Salt (lbs/acre) | Amount |
|---|---|---|---|---|---|---|
| WWS | Process wastewater | 31.54 | 11.42 | 135.38 | 747.29 | 450,000.00 *gal* |
| Canal | Surface water | 0.00 | 0.00 | 0.00 | 219.81 | 2,450,300.00 *gal* |
| Application event totals | | 31.54 | 11.42 | 135.38 | 967.11 | |

| Application date | Application method | Precipitation 24 hours prior | Precipitation during application | Precipitation 24 hours following |
|---|---|---|---|---|
| 07/27/2023 | Surface (irrigation) | No precipitation | No precipitation | No precipitation |

| Source description | Material type | N (lbs/acre) | P (lbs/acre) | K (lbs/acre) | Salt (lbs/acre) | Amount |
|---|---|---|---|---|---|---|
| WWS | Process wastewater | 35.33 | 12.79 | 151.62 | 836.97 | 504,000.00 *gal* |
| Canal | Surface water | 0.00 | 0.00 | 0.00 | 203.34 | 2,266,713.00 *gal* |
| Application event totals | | 35.33 | 12.79 | 151.62 | 1,040.31 | |

## Belew - 05/18/2023: Corn, silage

| Application date | Application method | Precipitation 24 hours prior | Precipitation during application | Precipitation 24 hours following |
|---|---|---|---|---|
| 08/08/2023 | Surface (irrigation) | No precipitation | No precipitation | No precipitation |

| Source description | Material type | N (lbs/acre) | P (lbs/acre) | K (lbs/acre) | Salt (lbs/acre) | Amount |
|---|---|---|---|---|---|---|
| WWS | Process wastewater | 20.19 | 7.31 | 86.64 | 478.27 | 288,000.00 *gal* |
| Canal | Surface water | 0.00 | 0.00 | 0.00 | 188.14 | 2,097,260.00 *gal* |
| Application event totals | | 20.19 | 7.31 | 86.64 | 666.41 | |

| Application date | Application method | Precipitation 24 hours prior | Precipitation during application | Precipitation 24 hours following |
|---|---|---|---|---|
| 08/16/2023 | Surface (irrigation) | No precipitation | No precipitation | No precipitation |

| Source description | Material type | N (lbs/acre) | P (lbs/acre) | K (lbs/acre) | Salt (lbs/acre) | Amount |
|---|---|---|---|---|---|---|
| Canal | Surface water | 0.00 | 0.00 | 0.00 | 191.05 | 2,129,616.00 *gal* |
| Application event totals | | 0.00 | 0.00 | 0.00 | 191.05 | |

## Clover East - 10/25/2022: Oats, silage-soft dough

Field name: Clover East

Crop: Oats, silage-soft dough

Plant date: 10/25/2022

| Application date | Application method | Precipitation 24 hours prior | Precipitation during application | Precipitation 24 hours following |
|---|---|---|---|---|
| 10/09/2022 | Surface (irrigation) | No precipitation | No precipitation | No precipitation |

| Source description | Material type | N (lbs/acre) | P (lbs/acre) | K (lbs/acre) | Salt (lbs/acre) | Amount |
|---|---|---|---|---|---|---|
| WWS | Process wastewater | 76.83 | 12.53 | 239.81 | 1,005.81 | 1,116,000.00 *gal* |
| Canal | Surface water | 0.00 | 0.00 | 0.00 | 338.25 | 7,541,000.00 *gal* |
| Application event totals | | 76.83 | 12.53 | 239.81 | 1,344.05 | |

| Application date | Application method | Precipitation 24 hours prior | Precipitation during application | Precipitation 24 hours following |
|---|---|---|---|---|
| 12/10/2022 | Surface (irrigation) | No precipitation | No precipitation | No precipitation |

| Source description | Material type | N (lbs/acre) | P (lbs/acre) | K (lbs/acre) | Salt (lbs/acre) | Amount |
|---|---|---|---|---|---|---|
| WWS | Process wastewater | 59.48 | 9.70 | 185.66 | 778.69 | 864,000.00 *gal* |
| Application event totals | | 59.48 | 9.70 | 185.66 | 778.69 | |

## Clover East - 10/25/2022: Oats, silage-soft dough

| Application date | Application method | Precipitation 24 hours prior | Precipitation during application | Precipitation 24 hours following |
|---|---|---|---|---|
| 01/13/2023 | Pipeline | No precipitation | No precipitation | No precipitation |

| Source description | Material type | N (lbs/acre) | P (lbs/acre) | K (lbs/acre) | Salt (lbs/acre) | Amount |
|---|---|---|---|---|---|---|
| WWS | Process wastewater | 47.09 | 7.68 | 146.98 | 616.46 | 684,000.00 *gal* |
| Application event totals | | 47.09 | 7.68 | 146.98 | 616.46 | |

| Application date | Application method | Precipitation 24 hours prior | Precipitation during application | Precipitation 24 hours following |
|---|---|---|---|---|
| 02/20/2023 | Surface (irrigation) | No precipitation | No precipitation | No precipitation |

| Source description | Material type | N (lbs/acre) | P (lbs/acre) | K (lbs/acre) | Salt (lbs/acre) | Amount |
|---|---|---|---|---|---|---|
| WWS | Process wastewater | 39.66 | 6.47 | 123.77 | 519.13 | 576,000.00 *gal* |
| Application event totals | | 39.66 | 6.47 | 123.77 | 519.13 | |

| Application date | Application method | Precipitation 24 hours prior | Precipitation during application | Precipitation 24 hours following |
|---|---|---|---|---|
| 03/29/2023 | Surface (irrigation) | No precipitation | No precipitation | No precipitation |

| Source description | Material type | N (lbs/acre) | P (lbs/acre) | K (lbs/acre) | Salt (lbs/acre) | Amount |
|---|---|---|---|---|---|---|
| Canal | Surface water | 0.00 | 0.00 | 0.00 | 253.44 | 5,650,200.00 *gal* |
| Application event totals | | 0.00 | 0.00 | 0.00 | 253.44 | |

## Clover East - 06/05/2023: Corn, silage

Field name: Clover East

Crop: Corn, silage

Plant date: 06/05/2023

| Application date | Application method | Precipitation 24 hours prior | Precipitation during application | Precipitation 24 hours following |
|---|---|---|---|---|
| 05/21/2023 | Surface (irrigation) | No precipitation | No precipitation | No precipitation |

| Source description | Material type | N (lbs/acre) | P (lbs/acre) | K (lbs/acre) | Salt (lbs/acre) | Amount |
|---|---|---|---|---|---|---|
| Canal | Surface water | 0.00 | 0.00 | 0.00 | 301.41 | 6,719,800.00 *gal* |
| Application event totals | | 0.00 | 0.00 | 0.00 | 301.41 | |

| Application date | Application method | Precipitation 24 hours prior | Precipitation during application | Precipitation 24 hours following |
|---|---|---|---|---|
| 07/03/2023 | Surface (irrigation) | No precipitation | No precipitation | No precipitation |

| Source description | Material type | N (lbs/acre) | P (lbs/acre) | K (lbs/acre) | Salt (lbs/acre) | Amount |
|---|---|---|---|---|---|---|
| WWS | Process wastewater | 183.86 | 7.44 | 114.78 | 1,124.77 | 648,000.00 *gal* |
| Canal | Surface water | 0.00 | 0.00 | 0.00 | 266.66 | 5,945,040.00 *gal* |
| Application event totals | | 183.86 | 7.44 | 114.78 | 1,391.43 | |

## Clover East - 06/05/2023: Corn, silage

| Application date | Application method | Precipitation 24 hours prior | Precipitation during application | Precipitation 24 hours following |
|---|---|---|---|---|
| 07/15/2023 | Surface (irrigation) | No precipitation | No precipitation | No precipitation |

| Source description | Material type | N (lbs/acre) | P (lbs/acre) | K (lbs/acre) | Salt (lbs/acre) | Amount |
|---|---|---|---|---|---|---|
| WWS | Process wastewater | 30.28 | 10.96 | 129.96 | 717.40 | 864,000.00 *gal* |
| Canal | Surface water | 0.00 | 0.00 | 0.00 | 231.03 | 5,150,760.00 *gal* |
| Application event totals | | 30.28 | 10.96 | 129.96 | 948.44 | |

| Application date | Application method | Precipitation 24 hours prior | Precipitation during application | Precipitation 24 hours following |
|---|---|---|---|---|
| 07/27/2023 | Surface (irrigation) | No precipitation | No precipitation | No precipitation |

| Source description | Material type | N (lbs/acre) | P (lbs/acre) | K (lbs/acre) | Salt (lbs/acre) | Amount |
|---|---|---|---|---|---|---|
| WWS | Process wastewater | 16.40 | 5.94 | 70.40 | 388.59 | 468,000.00 *gal* |
| Canal | Surface water | 0.00 | 0.00 | 0.00 | 218.38 | 4,868,600.00 *gal* |
| Application event totals | | 16.40 | 5.94 | 70.40 | 606.97 | |

| Application date | Application method | Precipitation 24 hours prior | Precipitation during application | Precipitation 24 hours following |
|---|---|---|---|---|
| 08/07/2023 | Surface (irrigation) | No precipitation | No precipitation | No precipitation |

| Source description | Material type | N (lbs/acre) | P (lbs/acre) | K (lbs/acre) | Salt (lbs/acre) | Amount |
|---|---|---|---|---|---|---|
| WWS | Process wastewater | 18.30 | 6.62 | 78.52 | 433.43 | 522,000.00 *gal* |
| Canal | Surface water | 0.00 | 0.00 | 0.00 | 188.78 | 4,208,713.00 *gal* |
| Application event totals | | 18.30 | 6.62 | 78.52 | 622.21 | |

| Application date | Application method | Precipitation 24 hours prior | Precipitation during application | Precipitation 24 hours following |
|---|---|---|---|---|
| 08/17/2023 | Surface (irrigation) | No precipitation | No precipitation | No precipitation |

| Source description | Material type | N (lbs/acre) | P (lbs/acre) | K (lbs/acre) | Salt (lbs/acre) | Amount |
|---|---|---|---|---|---|---|
| WWS | Process wastewater | 20.19 | 7.31 | 86.64 | 478.27 | 576,000.00 *gal* |
| Canal | Surface water | 0.00 | 0.00 | 0.00 | 166.99 | 3,723,010.00 *gal* |
| Application event totals | | 20.19 | 7.31 | 86.64 | 645.26 | |

| Application date | Application method | Precipitation 24 hours prior | Precipitation during application | Precipitation 24 hours following |
|---|---|---|---|---|
| 08/27/2023 | Surface (irrigation) | No precipitation | No precipitation | No precipitation |

| Source description | Material type | N (lbs/acre) | P (lbs/acre) | K (lbs/acre) | Salt (lbs/acre) | Amount |
|---|---|---|---|---|---|---|
| WWS | Process wastewater | 13.88 | 5.02 | 59.57 | 328.81 | 396,000.00 *gal* |
| Canal | Surface water | 0.00 | 0.00 | 0.00 | 175.35 | 3,909,401.00 *gal* |
| Application event totals | | 13.88 | 5.02 | 59.57 | 504.16 | |

## Clover East - 06/05/2023: Corn, silage

| Application date | Application method | Precipitation 24 hours prior | Precipitation during application | Precipitation 24 hours following |
|---|---|---|---|---|
| 09/06/2023 | Surface (irrigation) | No precipitation | No precipitation | No precipitation |

| Source description | Material type | N (lbs/acre) | P (lbs/acre) | K (lbs/acre) | Salt (lbs/acre) | Amount |
|---|---|---|---|---|---|---|
| WWS | Process wastewater | 11.36 | 4.11 | 48.74 | 269.03 | 324,000.00 *gal* |
| Canal | Surface water | 0.00 | 0.00 | 0.00 | 164.49 | 3,667,216.00 *gal* |
| Application event totals | | 11.36 | 4.11 | 48.74 | 433.52 | |

## Clover West - 11/06/2022: Oats, silage-soft dough

Field name: Clover West

Crop: Oats, silage-soft dough

Plant date: 11/06/2022

| Application date | Application method | Precipitation 24 hours prior | Precipitation during application | Precipitation 24 hours following |
|---|---|---|---|---|
| 10/22/2022 | Surface (irrigation) | No precipitation | No precipitation | No precipitation |

| Source description | Material type | N (lbs/acre) | P (lbs/acre) | K (lbs/acre) | Salt (lbs/acre) | Amount |
|---|---|---|---|---|---|---|
| WWS | Process wastewater | 69.40 | 11.31 | 216.60 | 908.47 | 1,008,000.00 *gal* |
| Canal | Surface water | 0.00 | 0.00 | 0.00 | 291.22 | 6,492,640.00 *gal* |
| Application event totals | | 69.40 | 11.31 | 216.60 | 1,199.69 | |

| | | | | |
|---|---|---|---|---|
| 02/06/2023 | Surface (irrigation) | No precipitation | No precipitation | No precipitation |

| Source description | Material type | N (lbs/acre) | P (lbs/acre) | K (lbs/acre) | Salt (lbs/acre) | Amount |
|---|---|---|---|---|---|---|
| WWS | Process wastewater | 55.77 | 9.09 | 174.06 | 730.02 | 810,000.00 *gal* |
| Application event totals | | 55.77 | 9.09 | 174.06 | 730.02 | |

| | | | | |
|---|---|---|---|---|
| 03/01/2023 | Pipeline | No precipitation | No precipitation | No precipitation |

| Source description | Material type | N (lbs/acre) | P (lbs/acre) | K (lbs/acre) | Salt (lbs/acre) | Amount |
|---|---|---|---|---|---|---|
| WWS | Process wastewater | 42.13 | 6.87 | 131.51 | 551.57 | 612,000.00 *gal* |
| Application event totals | | 42.13 | 6.87 | 131.51 | 551.57 | |

## Clover West - 11/06/2022: Oats, silage-soft dough

| Application date | Application method | Precipitation 24 hours prior | Precipitation during application | Precipitation 24 hours following |
|---|---|---|---|---|
| 04/16/2023 | Surface (irrigation) | No precipitation | No precipitation | No precipitation |

| Source description | Material type | N (lbs/acre) | P (lbs/acre) | K (lbs/acre) | Salt (lbs/acre) | Amount |
|---|---|---|---|---|---|---|
| WWS | Process wastewater | 49.57 | 8.08 | 154.72 | 648.91 | 720,000.00 *gal* |
| Canal | Surface water | 0.00 | 0.00 | 0.00 | 234.29 | 5,223,240.00 *gal* |
| Application event totals | | 49.57 | 8.08 | 154.72 | 883.19 | |

## Clover West - 06/05/2023: Corn, silage

Field name: Clover West

Crop: Corn, silage

Plant date: 06/05/2023

| Application date | Application method | Precipitation 24 hours prior | Precipitation during application | Precipitation 24 hours following |
|---|---|---|---|---|
| 05/21/2023 | Surface (irrigation) | No precipitation | No precipitation | No precipitation |

| Source description | Material type | N (lbs/acre) | P (lbs/acre) | K (lbs/acre) | Salt (lbs/acre) | Amount |
|---|---|---|---|---|---|---|
| Canal | Surface water | 0.00 | 0.00 | 0.00 | 308.94 | 6,887,520.00 *gal* |
| Application event totals | | 0.00 | 0.00 | 0.00 | 308.94 | |

| | | | | |
|---|---|---|---|---|
| 07/04/2023 | Surface (irrigation) | No precipitation | No precipitation | No precipitation |

| Source description | Material type | N (lbs/acre) | P (lbs/acre) | K (lbs/acre) | Salt (lbs/acre) | Amount |
|---|---|---|---|---|---|---|
| WWS | Process wastewater | 163.43 | 6.61 | 102.02 | 999.80 | 576,000.00 *gal* |
| Canal | Surface water | 0.00 | 0.00 | 0.00 | 268.27 | 5,980,880.00 *gal* |
| Application event totals | | 163.43 | 6.61 | 102.02 | 1,268.07 | |

| | | | | |
|---|---|---|---|---|
| 07/15/2023 | Surface (irrigation) | No precipitation | No precipitation | No precipitation |

| Source description | Material type | N (lbs/acre) | P (lbs/acre) | K (lbs/acre) | Salt (lbs/acre) | Amount |
|---|---|---|---|---|---|---|
| WWS | Process wastewater | 25.24 | 9.13 | 108.30 | 597.84 | 720,000.00 *gal* |
| Canal | Surface water | 0.00 | 0.00 | 0.00 | 234.37 | 5,225,040.00 *gal* |
| Application event totals | | 25.24 | 9.13 | 108.30 | 832.20 | |

## Clover West - 06/05/2023: Corn, silage

| Application date | Application method | Precipitation 24 hours prior | Precipitation during application | Precipitation 24 hours following |
|---|---|---|---|---|
| 07/28/2023 | Surface (irrigation) | No precipitation | No precipitation | No precipitation |

| Source description | Material type | N (lbs/acre) | P (lbs/acre) | K (lbs/acre) | Salt (lbs/acre) | Amount |
|---|---|---|---|---|---|---|
| WWS | Process wastewater | 22.71 | 8.22 | 97.47 | 538.05 | 648,000.00 *gal* |
| Canal | Surface water | 0.00 | 0.00 | 0.00 | 220.70 | 4,920,400.00 *gal* |
| Application event totals | | 22.71 | 8.22 | 97.47 | 758.75 | |

| | | | | |
|---|---|---|---|---|
| 08/07/2023 | Surface (irrigation) | No precipitation | No precipitation | No precipitation |

| Source description | Material type | N (lbs/acre) | P (lbs/acre) | K (lbs/acre) | Salt (lbs/acre) | Amount |
|---|---|---|---|---|---|---|
| WWS | Process wastewater | 22.71 | 8.22 | 97.47 | 538.05 | 648,000.00 *gal* |
| Canal | Surface water | 0.00 | 0.00 | 0.00 | 196.99 | 4,391,670.00 *gal* |
| Application event totals | | 22.71 | 8.22 | 97.47 | 735.04 | |

| | | | | |
|---|---|---|---|---|
| 08/18/2023 | Surface (irrigation) | No precipitation | No precipitation | No precipitation |

| Source description | Material type | N (lbs/acre) | P (lbs/acre) | K (lbs/acre) | Salt (lbs/acre) | Amount |
|---|---|---|---|---|---|---|
| WWS | Process wastewater | 25.24 | 9.13 | 108.30 | 597.84 | 720,000.00 *gal* |
| Canal | Surface water | 0.00 | 0.00 | 0.00 | 172.21 | 3,839,218.00 *gal* |
| Application event totals | | 25.24 | 9.13 | 108.30 | 770.04 | |

| | | | | |
|---|---|---|---|---|
| 08/27/2023 | Surface (irrigation) | No precipitation | No precipitation | No precipitation |

| Source description | Material type | N (lbs/acre) | P (lbs/acre) | K (lbs/acre) | Salt (lbs/acre) | Amount |
|---|---|---|---|---|---|---|
| WWS | Process wastewater | 17.66 | 6.39 | 75.81 | 418.49 | 504,000.00 *gal* |
| Canal | Surface water | 0.00 | 0.00 | 0.00 | 179.74 | 4,007,213.00 *gal* |
| Application event totals | | 17.66 | 6.39 | 75.81 | 598.23 | |

| | | | | |
|---|---|---|---|---|
| 09/06/2023 | Surface (irrigation) | No precipitation | No precipitation | No precipitation |

| Source description | Material type | N (lbs/acre) | P (lbs/acre) | K (lbs/acre) | Salt (lbs/acre) | Amount |
|---|---|---|---|---|---|---|
| Canal | Surface water | 0.00 | 0.00 | 0.00 | 168.73 | 3,761,670.00 *gal* |
| Application event totals | | 0.00 | 0.00 | 0.00 | 168.73 | |

## Coehlo - 10/25/2022: Oats, silage-soft dough

## Coehlo - 10/25/2022: Oats, silage-soft dough

Field name: Coehlo

Crop: Oats, silage-soft dough

Plant date: 10/25/2022

| Application date | Application method | Precipitation 24 hours prior | Precipitation during application | Precipitation 24 hours following |
|---|---|---|---|---|
| 10/11/2022 | Surface (irrigation) | No precipitation | No precipitation | No precipitation |

| Source description | Material type | N (lbs/acre) | P (lbs/acre) | K (lbs/acre) | Salt (lbs/acre) | Amount |
|---|---|---|---|---|---|---|
| WWS | Process wastewater | 71.88 | 11.72 | 224.34 | 940.92 | 1,044,000.00 *gal* |
| Canal | Surface water | 0.00 | 0.00 | 0.00 | 328.16 | 7,316,200.00 *gal* |
| Application event totals | | 71.88 | 11.72 | 224.34 | 1,269.08 | |

| Application date | Application method | Precipitation 24 hours prior | Precipitation during application | Precipitation 24 hours following |
|---|---|---|---|---|
| 01/03/2023 | Surface (irrigation) | No precipitation | No precipitation | No precipitation |

| Source description | Material type | N (lbs/acre) | P (lbs/acre) | K (lbs/acre) | Salt (lbs/acre) | Amount |
|---|---|---|---|---|---|---|
| WWS | Process wastewater | 50.81 | 8.28 | 158.58 | 665.13 | 738,000.00 *gal* |
| Application event totals | | 50.81 | 8.28 | 158.58 | 665.13 | |

| Application date | Application method | Precipitation 24 hours prior | Precipitation during application | Precipitation 24 hours following |
|---|---|---|---|---|
| 02/23/2023 | Surface (irrigation) | No precipitation | No precipitation | No precipitation |

| Source description | Material type | N (lbs/acre) | P (lbs/acre) | K (lbs/acre) | Salt (lbs/acre) | Amount |
|---|---|---|---|---|---|---|
| WWS | Process wastewater | 42.13 | 6.87 | 131.51 | 551.57 | 612,000.00 *gal* |
| Application event totals | | 42.13 | 6.87 | 131.51 | 551.57 | |

| Application date | Application method | Precipitation 24 hours prior | Precipitation during application | Precipitation 24 hours following |
|---|---|---|---|---|
| 04/02/2023 | Surface (irrigation) | No precipitation | No precipitation | No precipitation |

| Source description | Material type | N (lbs/acre) | P (lbs/acre) | K (lbs/acre) | Salt (lbs/acre) | Amount |
|---|---|---|---|---|---|---|
| WWS | Process wastewater | 44.61 | 7.27 | 139.24 | 584.02 | 648,000.00 *gal* |
| Canal | Surface water | 0.00 | 0.00 | 0.00 | 228.87 | 5,102,600.00 *gal* |
| Application event totals | | 44.61 | 7.27 | 139.24 | 812.89 | |

## Coehlo - 05/18/2023: Corn, silage

Field name: Coehlo

Crop: Corn, silage

Plant date: 05/18/2023

| Application date | Application method | Precipitation 24 hours prior | Precipitation during application | Precipitation 24 hours following |
|---|---|---|---|---|

Coehlo - 05/18/2023: Corn, silage

| Application date | Application method | Precipitation 24 hours prior | Precipitation during application | Precipitation 24 hours following |
|---|---|---|---|---|
| 05/04/2023 | Surface (irrigation) | No precipitation | No precipitation | No precipitation |

| Source description | Material type | N (lbs/acre) | P (lbs/acre) | K (lbs/acre) | Salt (lbs/acre) | Amount |
|---|---|---|---|---|---|---|
| WWS | Process wastewater | 163.43 | 6.61 | 102.02 | 999.80 | 576,000.00 *gal* |
| Canal | Surface water | 0.00 | 0.00 | 0.00 | 311.41 | 6,942,600.00 *gal* |
| Application event totals | | 163.43 | 6.61 | 102.02 | 1,311.20 | |

| Application date | Application method | Precipitation 24 hours prior | Precipitation during application | Precipitation 24 hours following |
|---|---|---|---|---|
| 06/20/2023 | Surface (irrigation) | No precipitation | No precipitation | No precipitation |

| Source description | Material type | N (lbs/acre) | P (lbs/acre) | K (lbs/acre) | Salt (lbs/acre) | Amount |
|---|---|---|---|---|---|---|
| Canal | Surface water | 0.00 | 0.00 | 0.00 | 282.58 | 6,300,040.00 *gal* |
| Application event totals | | 0.00 | 0.00 | 0.00 | 282.58 | |

| Application date | Application method | Precipitation 24 hours prior | Precipitation during application | Precipitation 24 hours following |
|---|---|---|---|---|
| 07/04/2023 | Surface (irrigation) | No precipitation | No precipitation | No precipitation |

| Source description | Material type | N (lbs/acre) | P (lbs/acre) | K (lbs/acre) | Salt (lbs/acre) | Amount |
|---|---|---|---|---|---|---|
| WWS | Process wastewater | 37.85 | 13.70 | 162.45 | 896.75 | 1,080,000.00 *gal* |
| Canal | Surface water | 0.00 | 0.00 | 0.00 | 241.59 | 5,386,080.00 *gal* |
| Application event totals | | 37.85 | 13.70 | 162.45 | 1,138.34 | |

| Application date | Application method | Precipitation 24 hours prior | Precipitation during application | Precipitation 24 hours following |
|---|---|---|---|---|
| 07/17/2023 | Surface (irrigation) | No precipitation | No precipitation | No precipitation |

| Source description | Material type | N (lbs/acre) | P (lbs/acre) | K (lbs/acre) | Salt (lbs/acre) | Amount |
|---|---|---|---|---|---|---|
| WWS | Process wastewater | 34.70 | 12.56 | 148.91 | 822.02 | 990,000.00 *gal* |
| Canal | Surface water | 0.00 | 0.00 | 0.00 | 219.63 | 4,896,600.00 *gal* |
| Application event totals | | 34.70 | 12.56 | 148.91 | 1,041.66 | |

| Application date | Application method | Precipitation 24 hours prior | Precipitation during application | Precipitation 24 hours following |
|---|---|---|---|---|
| 07/28/2023 | Surface (irrigation) | No precipitation | No precipitation | No precipitation |

| Source description | Material type | N (lbs/acre) | P (lbs/acre) | K (lbs/acre) | Salt (lbs/acre) | Amount |
|---|---|---|---|---|---|---|
| WWS | Process wastewater | 30.28 | 10.96 | 129.96 | 717.40 | 864,000.00 *gal* |
| Canal | Surface water | 0.00 | 0.00 | 0.00 | 202.24 | 4,508,713.00 *gal* |
| Application event totals | | 30.28 | 10.96 | 129.96 | 919.64 | |

## Coehlo - 05/18/2023: Corn, silage

| Application date | Application method | Precipitation 24 hours prior | Precipitation during application | Precipitation 24 hours following |
|---|---|---|---|---|
| 08/08/2023 | Surface (irrigation) | No precipitation | No precipitation | No precipitation |

| Source description | Material type | N (lbs/acre) | P (lbs/acre) | K (lbs/acre) | Salt (lbs/acre) | Amount |
|---|---|---|---|---|---|---|
| WWS | Process wastewater | 22.71 | 8.22 | 97.47 | 538.05 | 648,000.00 *gal* |
| Canal | Surface water | 0.00 | 0.00 | 0.00 | 191.82 | 4,276,420.00 *gal* |
| Application event totals | | 22.71 | 8.22 | 97.47 | 729.87 | |

| Application date | Application method | Precipitation 24 hours prior | Precipitation during application | Precipitation 24 hours following |
|---|---|---|---|---|
| 08/17/2023 | Surface (irrigation) | No precipitation | No precipitation | No precipitation |

| Source description | Material type | N (lbs/acre) | P (lbs/acre) | K (lbs/acre) | Salt (lbs/acre) | Amount |
|---|---|---|---|---|---|---|
| Canal | Surface water | 0.00 | 0.00 | 0.00 | 183.34 | 4,087,403.00 *gal* |
| Application event totals | | 0.00 | 0.00 | 0.00 | 183.34 | |

## Coehlo S - 10/24/2022: Oats, silage-soft dough

Field name: Coehlo S

Crop: Oats, silage-soft dough

Plant date: 10/24/2022

| Application date | Application method | Precipitation 24 hours prior | Precipitation during application | Precipitation 24 hours following |
|---|---|---|---|---|
| 10/11/2022 | Surface (irrigation) | No precipitation | No precipitation | No precipitation |

| Source description | Material type | N (lbs/acre) | P (lbs/acre) | K (lbs/acre) | Salt (lbs/acre) | Amount |
|---|---|---|---|---|---|---|
| WWS | Process wastewater | 66.92 | 10.91 | 208.87 | 876.02 | 972,000.00 *gal* |
| Canal | Surface water | 0.00 | 0.00 | 0.00 | 311.45 | 6,943,600.00 *gal* |
| Application event totals | | 66.92 | 10.91 | 208.87 | 1,187.48 | |

| Application date | Application method | Precipitation 24 hours prior | Precipitation during application | Precipitation 24 hours following |
|---|---|---|---|---|
| 01/31/2023 | Surface (irrigation) | No precipitation | No precipitation | No precipitation |

| Source description | Material type | N (lbs/acre) | P (lbs/acre) | K (lbs/acre) | Salt (lbs/acre) | Amount |
|---|---|---|---|---|---|---|
| WWS | Process wastewater | 49.57 | 8.08 | 154.72 | 648.91 | 720,000.00 *gal* |
| Application event totals | | 49.57 | 8.08 | 154.72 | 648.91 | |

## Coehlo S - 10/24/2022: Oats, silage-soft dough

| Application date | Application method | Precipitation 24 hours prior | Precipitation during application | Precipitation 24 hours following |
|---|---|---|---|---|
| 03/03/2023 | Surface (irrigation) | No precipitation | No precipitation | No precipitation |

| Source description | Material type | N (lbs/acre) | P (lbs/acre) | K (lbs/acre) | Salt (lbs/acre) | Amount |
|---|---|---|---|---|---|---|
| WWS | Process wastewater | 47.09 | 7.68 | 146.98 | 616.46 | 684,000.00 *gal* |
| Application event totals | | 47.09 | 7.68 | 146.98 | 616.46 | |

| Application date | Application method | Precipitation 24 hours prior | Precipitation during application | Precipitation 24 hours following |
|---|---|---|---|---|
| 04/02/2023 | Surface (irrigation) | No precipitation | No precipitation | No precipitation |

| Source description | Material type | N (lbs/acre) | P (lbs/acre) | K (lbs/acre) | Salt (lbs/acre) | Amount |
|---|---|---|---|---|---|---|
| WWS | Process wastewater | 52.05 | 8.49 | 162.45 | 681.35 | 756,000.00 *gal* |
| Canal | Surface water | 0.00 | 0.00 | 0.00 | 243.87 | 5,437,000.00 *gal* |
| Application event totals | | 52.05 | 8.49 | 162.45 | 925.23 | |

## Coehlo S - 05/19/2023: Corn, silage

Field name: Coehlo S

Crop: Corn, silage

Plant date: 05/19/2023

| Application date | Application method | Precipitation 24 hours prior | Precipitation during application | Precipitation 24 hours following |
|---|---|---|---|---|
| 05/08/2023 | Surface (irrigation) | No precipitation | No precipitation | No precipitation |

| Source description | Material type | N (lbs/acre) | P (lbs/acre) | K (lbs/acre) | Salt (lbs/acre) | Amount |
|---|---|---|---|---|---|---|
| WWS | Process wastewater | 188.96 | 7.64 | 117.96 | 1,156.02 | 666,000.00 *gal* |
| Canal | Surface water | 0.00 | 0.00 | 0.00 | 300.35 | 6,696,200.00 *gal* |
| Application event totals | | 188.96 | 7.64 | 117.96 | 1,456.37 | |

| Application date | Application method | Precipitation 24 hours prior | Precipitation during application | Precipitation 24 hours following |
|---|---|---|---|---|
| 06/23/2023 | Surface (irrigation) | No precipitation | No precipitation | No precipitation |

| Source description | Material type | N (lbs/acre) | P (lbs/acre) | K (lbs/acre) | Salt (lbs/acre) | Amount |
|---|---|---|---|---|---|---|
| Canal | Surface water | 0.00 | 0.00 | 0.00 | 271.78 | 6,059,200.00 *gal* |
| Application event totals | | 0.00 | 0.00 | 0.00 | 271.78 | |

## Coehlo S - 05/19/2023: Corn, silage

| Application date | Application method | Precipitation 24 hours prior | Precipitation during application | Precipitation 24 hours following |
|---|---|---|---|---|
| 07/03/2023 | Surface (irrigation) | No precipitation | No precipitation | No precipitation |

| Source description | Material type | N (lbs/acre) | P (lbs/acre) | K (lbs/acre) | Salt (lbs/acre) | Amount |
|---|---|---|---|---|---|---|
| WWS | Process wastewater | 26.50 | 9.59 | 113.72 | 627.73 | 756,000.00 *gal* |
| Canal | Surface water | 0.00 | 0.00 | 0.00 | 247.33 | 5,514,000.00 *gal* |
| Application event totals | | 26.50 | 9.59 | 113.72 | 875.05 | |

| Application date | Application method | Precipitation 24 hours prior | Precipitation during application | Precipitation 24 hours following |
|---|---|---|---|---|
| 07/16/2023 | Surface (irrigation) | No precipitation | No precipitation | No precipitation |

| Source description | Material type | N (lbs/acre) | P (lbs/acre) | K (lbs/acre) | Salt (lbs/acre) | Amount |
|---|---|---|---|---|---|---|
| WWS | Process wastewater | 20.82 | 7.53 | 89.35 | 493.21 | 594,000.00 *gal* |
| Canal | Surface water | 0.00 | 0.00 | 0.00 | 227.64 | 5,075,000.00 *gal* |
| Application event totals | | 20.82 | 7.53 | 89.35 | 720.85 | |

| Application date | Application method | Precipitation 24 hours prior | Precipitation during application | Precipitation 24 hours following |
|---|---|---|---|---|
| 07/28/2023 | Surface (irrigation) | No precipitation | No precipitation | No precipitation |

| Source description | Material type | N (lbs/acre) | P (lbs/acre) | K (lbs/acre) | Salt (lbs/acre) | Amount |
|---|---|---|---|---|---|---|
| WWS | Process wastewater | 30.28 | 10.96 | 129.96 | 717.40 | 864,000.00 *gal* |
| Canal | Surface water | 0.00 | 0.00 | 0.00 | 216.08 | 4,817,263.00 *gal* |
| Application event totals | | 30.28 | 10.96 | 129.96 | 933.48 | |

| Application date | Application method | Precipitation 24 hours prior | Precipitation during application | Precipitation 24 hours following |
|---|---|---|---|---|
| 08/08/2023 | Surface (irrigation) | No precipitation | No precipitation | No precipitation |

| Source description | Material type | N (lbs/acre) | P (lbs/acre) | K (lbs/acre) | Salt (lbs/acre) | Amount |
|---|---|---|---|---|---|---|
| WWS | Process wastewater | 22.71 | 8.22 | 97.47 | 538.05 | 648,000.00 *gal* |
| Canal | Surface water | 0.00 | 0.00 | 0.00 | 209.61 | 4,673,218.00 *gal* |
| Application event totals | | 22.71 | 8.22 | 97.47 | 747.67 | |

| Application date | Application method | Precipitation 24 hours prior | Precipitation during application | Precipitation 24 hours following |
|---|---|---|---|---|
| 08/17/2023 | Surface (irrigation) | No precipitation | No precipitation | No precipitation |

| Source description | Material type | N (lbs/acre) | P (lbs/acre) | K (lbs/acre) | Salt (lbs/acre) | Amount |
|---|---|---|---|---|---|---|
| Canal | Surface water | 0.00 | 0.00 | 0.00 | 210.82 | 4,700,032.00 *gal* |
| Application event totals | | 0.00 | 0.00 | 0.00 | 210.82 | |

## Dias East/West - 10/25/2022: Oats, silage-soft dough

## Dias East/West - 10/25/2022: Oats, silage-soft dough

Field name: Dias East/West

Crop: Oats, silage-soft dough

Plant date: 10/25/2022

| Application date | Application method | Precipitation 24 hours prior | Precipitation during application | Precipitation 24 hours following |
|---|---|---|---|---|
| 10/09/2022 | Surface (irrigation) | No precipitation | No precipitation | No precipitation |

| Source description | Material type | N (lbs/acre) | P (lbs/acre) | K (lbs/acre) | Salt (lbs/acre) | Amount |
|---|---|---|---|---|---|---|
| WWS | Process wastewater | 76.83 | 12.53 | 239.81 | 1,005.81 | 1,116,000.00 *gal* |
| Canal | Surface water | 0.00 | 0.00 | 0.00 | 283.77 | 6,326,480.00 *gal* |
| Application event totals | | 76.83 | 12.53 | 239.81 | 1,289.58 | |

| Application date | Application method | Precipitation 24 hours prior | Precipitation during application | Precipitation 24 hours following |
|---|---|---|---|---|
| 12/20/2022 | Surface (irrigation) | No precipitation | No precipitation | No precipitation |

| Source description | Material type | N (lbs/acre) | P (lbs/acre) | K (lbs/acre) | Salt (lbs/acre) | Amount |
|---|---|---|---|---|---|---|
| WWS | Process wastewater | 59.48 | 9.70 | 185.66 | 778.69 | 864,000.00 *gal* |
| Application event totals | | 59.48 | 9.70 | 185.66 | 778.69 | |

| Application date | Application method | Precipitation 24 hours prior | Precipitation during application | Precipitation 24 hours following |
|---|---|---|---|---|
| 01/31/2023 | Surface (irrigation) | No precipitation | No precipitation | No precipitation |

| Source description | Material type | N (lbs/acre) | P (lbs/acre) | K (lbs/acre) | Salt (lbs/acre) | Amount |
|---|---|---|---|---|---|---|
| WWS | Process wastewater | 47.09 | 7.68 | 146.98 | 616.46 | 684,000.00 *gal* |
| Application event totals | | 47.09 | 7.68 | 146.98 | 616.46 | |

| Application date | Application method | Precipitation 24 hours prior | Precipitation during application | Precipitation 24 hours following |
|---|---|---|---|---|
| 04/01/2023 | Surface (irrigation) | No precipitation | No precipitation | No precipitation |

| Source description | Material type | N (lbs/acre) | P (lbs/acre) | K (lbs/acre) | Salt (lbs/acre) | Amount |
|---|---|---|---|---|---|---|
| WWS | Process wastewater | 34.70 | 5.66 | 108.30 | 454.24 | 504,000.00 *gal* |
| Canal | Surface water | 0.00 | 0.00 | 0.00 | 224.02 | 4,994,280.00 *gal* |
| Application event totals | | 34.70 | 5.66 | 108.30 | 678.25 | |

## Dias East/West - 06/05/2023: Corn, silage

Field name: Dias East/West

Crop: Corn, silage

Plant date: 06/05/2023

| Application date | Application method | Precipitation 24 hours prior | Precipitation during application | Precipitation 24 hours following |
|---|---|---|---|---|

Dias East/West - 06/05/2023: Corn, silage

| Application date | Application method | Precipitation 24 hours prior | Precipitation during application | Precipitation 24 hours following |
|---|---|---|---|---|
| 05/20/2023 | Surface (irrigation) | No precipitation | No precipitation | No precipitation |

| Source description | Material type | N (lbs/acre) | P (lbs/acre) | K (lbs/acre) | Salt (lbs/acre) | Amount |
|---|---|---|---|---|---|---|
| Canal | Surface water | 0.00 | 0.00 | 0.00 | 287.88 | 6,418,160.00 *gal* |
| Application event totals | | 0.00 | 0.00 | 0.00 | 287.88 | |

| Application date | Application method | Precipitation 24 hours prior | Precipitation during application | Precipitation 24 hours following |
|---|---|---|---|---|
| 06/30/2023 | Surface (irrigation) | No precipitation | No precipitation | No precipitation |

| Source description | Material type | N (lbs/acre) | P (lbs/acre) | K (lbs/acre) | Salt (lbs/acre) | Amount |
|---|---|---|---|---|---|---|
| WWS | Process wastewater | 163.43 | 6.61 | 102.02 | 999.80 | 576,000.00 *gal* |
| Canal | Surface water | 0.00 | 0.00 | 0.00 | 246.86 | 5,503,520.00 *gal* |
| Application event totals | | 163.43 | 6.61 | 102.02 | 1,246.65 | |

| Application date | Application method | Precipitation 24 hours prior | Precipitation during application | Precipitation 24 hours following |
|---|---|---|---|---|
| 07/11/2023 | Surface (irrigation) | No precipitation | No precipitation | No precipitation |

| Source description | Material type | N (lbs/acre) | P (lbs/acre) | K (lbs/acre) | Salt (lbs/acre) | Amount |
|---|---|---|---|---|---|---|
| Canal | Surface water | 0.00 | 0.00 | 0.00 | 228.98 | 5,105,040.00 *gal* |
| Application event totals | | 0.00 | 0.00 | 0.00 | 228.98 | |

| Application date | Application method | Precipitation 24 hours prior | Precipitation during application | Precipitation 24 hours following |
|---|---|---|---|---|
| 07/23/2023 | Surface (irrigation) | No precipitation | No precipitation | No precipitation |

| Source description | Material type | N (lbs/acre) | P (lbs/acre) | K (lbs/acre) | Salt (lbs/acre) | Amount |
|---|---|---|---|---|---|---|
| WWS | Process wastewater | 32.81 | 11.87 | 140.79 | 777.19 | 936,000.00 *gal* |
| Canal | Surface water | 0.00 | 0.00 | 0.00 | 218.98 | 4,882,000.00 *gal* |
| Application event totals | | 32.81 | 11.87 | 140.79 | 996.17 | |

| Application date | Application method | Precipitation 24 hours prior | Precipitation during application | Precipitation 24 hours following |
|---|---|---|---|---|
| 08/04/2023 | Surface (irrigation) | No precipitation | No precipitation | No precipitation |

| Source description | Material type | N (lbs/acre) | P (lbs/acre) | K (lbs/acre) | Salt (lbs/acre) | Amount |
|---|---|---|---|---|---|---|
| WWS | Process wastewater | 18.93 | 6.85 | 81.23 | 448.38 | 540,000.00 *gal* |
| Canal | Surface water | 0.00 | 0.00 | 0.00 | 214.96 | 4,792,320.00 *gal* |
| Application event totals | | 18.93 | 6.85 | 81.23 | 663.33 | |

## Dias East/West - 06/05/2023: Corn, silage

| Application date | Application method | Precipitation 24 hours prior | Precipitation during application | Precipitation 24 hours following |
|---|---|---|---|---|
| 08/14/2023 | Surface (irrigation) | No precipitation | No precipitation | No precipitation |

| Source description | Material type | N (lbs/acre) | P (lbs/acre) | K (lbs/acre) | Salt (lbs/acre) | Amount |
|---|---|---|---|---|---|---|
| WWS | Process wastewater | 20.19 | 7.31 | 86.64 | 478.27 | 576,000.00 *gal* |
| Canal | Surface water | 0.00 | 0.00 | 0.00 | 197.39 | 4,400,621.00 *gal* |
| Application event totals | | 20.19 | 7.31 | 86.64 | 675.66 | |

| Application date | Application method | Precipitation 24 hours prior | Precipitation during application | Precipitation 24 hours following |
|---|---|---|---|---|
| 08/24/2023 | Surface (irrigation) | No precipitation | No precipitation | No precipitation |

| Source description | Material type | N (lbs/acre) | P (lbs/acre) | K (lbs/acre) | Salt (lbs/acre) | Amount |
|---|---|---|---|---|---|---|
| WWS | Process wastewater | 16.40 | 5.94 | 70.40 | 388.59 | 468,000.00 *gal* |
| Canal | Surface water | 0.00 | 0.00 | 0.00 | 177.05 | 3,947,263.00 *gal* |
| Application event totals | | 16.40 | 5.94 | 70.40 | 565.65 | |

| Application date | Application method | Precipitation 24 hours prior | Precipitation during application | Precipitation 24 hours following |
|---|---|---|---|---|
| 09/04/2023 | Surface (irrigation) | No precipitation | No precipitation | No precipitation |

| Source description | Material type | N (lbs/acre) | P (lbs/acre) | K (lbs/acre) | Salt (lbs/acre) | Amount |
|---|---|---|---|---|---|---|
| WWS | Process wastewater | 30.28 | 10.96 | 129.96 | 717.40 | 864,000.00 *gal* |
| Canal | Surface water | 0.00 | 0.00 | 0.00 | 182.91 | 4,077,891.00 *gal* |
| Application event totals | | 30.28 | 10.96 | 129.96 | 900.31 | |

## Ferreira 40 - 10/24/2022: Oats, silage-soft dough

Field name: Ferreira 40

Crop: Oats, silage-soft dough

Plant date: 10/24/2022

| Application date | Application method | Precipitation 24 hours prior | Precipitation during application | Precipitation 24 hours following |
|---|---|---|---|---|
| 10/12/2022 | Surface (irrigation) | No precipitation | No precipitation | No precipitation |

| Source description | Material type | N (lbs/acre) | P (lbs/acre) | K (lbs/acre) | Salt (lbs/acre) | Amount |
|---|---|---|---|---|---|---|
| WWS | Process wastewater | 69.40 | 11.31 | 216.60 | 908.47 | 1,008,000.00 *gal* |
| Canal | Surface water | 0.00 | 0.00 | 0.00 | 294.47 | 6,564,920.00 *gal* |
| Application event totals | | 69.40 | 11.31 | 216.60 | 1,202.94 | |

## Ferreira 40 - 10/24/2022: Oats, silage-soft dough

| Application date | Application method | Precipitation 24 hours prior | Precipitation during application | Precipitation 24 hours following |
|---|---|---|---|---|
| 01/26/2023 | Surface (irrigation) | No precipitation | No precipitation | No precipitation |

| Source description | Material type | N (lbs/acre) | P (lbs/acre) | K (lbs/acre) | Salt (lbs/acre) | Amount |
|---|---|---|---|---|---|---|
| WWS | Process wastewater | 49.57 | 8.08 | 154.72 | 648.91 | 720,000.00 *gal* |
| Application event totals | | 49.57 | 8.08 | 154.72 | 648.91 | |

| Application date | Application method | Precipitation 24 hours prior | Precipitation during application | Precipitation 24 hours following |
|---|---|---|---|---|
| 02/23/2023 | Surface (irrigation) | No precipitation | No precipitation | No precipitation |

| Source description | Material type | N (lbs/acre) | P (lbs/acre) | K (lbs/acre) | Salt (lbs/acre) | Amount |
|---|---|---|---|---|---|---|
| WWS | Process wastewater | 57.00 | 9.29 | 177.92 | 746.24 | 828,000.00 *gal* |
| Application event totals | | 57.00 | 9.29 | 177.92 | 746.24 | |

| Application date | Application method | Precipitation 24 hours prior | Precipitation during application | Precipitation 24 hours following |
|---|---|---|---|---|
| 03/27/2023 | Surface (irrigation) | No precipitation | No precipitation | No precipitation |

| Source description | Material type | N (lbs/acre) | P (lbs/acre) | K (lbs/acre) | Salt (lbs/acre) | Amount |
|---|---|---|---|---|---|---|
| WWS | Process wastewater | 47.09 | 7.68 | 146.98 | 616.46 | 684,000.00 *gal* |
| Canal | Surface water | 0.00 | 0.00 | 0.00 | 233.64 | 5,208,800.00 *gal* |
| Application event totals | | 47.09 | 7.68 | 146.98 | 850.10 | |

## Ferreira 40 - 05/18/2023: Corn, silage

Field name: Ferreira 40

Crop: Corn, silage

Plant date: 05/18/2023

| Application date | Application method | Precipitation 24 hours prior | Precipitation during application | Precipitation 24 hours following |
|---|---|---|---|---|
| 05/03/2023 | Surface (irrigation) | No precipitation | No precipitation | No precipitation |

| Source description | Material type | N (lbs/acre) | P (lbs/acre) | K (lbs/acre) | Salt (lbs/acre) | Amount |
|---|---|---|---|---|---|---|
| WWS | Process wastewater | 188.96 | 7.64 | 117.96 | 1,156.02 | 666,000.00 *gal* |
| Canal | Surface water | 0.00 | 0.00 | 0.00 | 307.62 | 6,858,200.00 *gal* |
| Application event totals | | 188.96 | 7.64 | 117.96 | 1,463.64 | |

Ferreira 40 - 05/18/2023: Corn, silage

| Application date | Application method | Precipitation 24 hours prior | Precipitation during application | Precipitation 24 hours following |
|---|---|---|---|---|
| 06/18/2023 | Surface (irrigation) | No precipitation | No precipitation | No precipitation |

| Source description | Material type | N (lbs/acre) | P (lbs/acre) | K (lbs/acre) | Salt (lbs/acre) | Amount |
|---|---|---|---|---|---|---|
| Canal | Surface water | 0.00 | 0.00 | 0.00 | 275.08 | 6,132,800.00 *gal* |
| Application event totals | | 0.00 | 0.00 | 0.00 | 275.08 | |

| Application date | Application method | Precipitation 24 hours prior | Precipitation during application | Precipitation 24 hours following |
|---|---|---|---|---|
| 07/05/2023 | Surface (irrigation) | No precipitation | No precipitation | No precipitation |

| Source description | Material type | N (lbs/acre) | P (lbs/acre) | K (lbs/acre) | Salt (lbs/acre) | Amount |
|---|---|---|---|---|---|---|
| Canal | Surface water | 0.00 | 0.00 | 0.00 | 236.93 | 5,282,200.00 *gal* |
| Application event totals | | 0.00 | 0.00 | 0.00 | 236.93 | |

| Application date | Application method | Precipitation 24 hours prior | Precipitation during application | Precipitation 24 hours following |
|---|---|---|---|---|
| 07/18/2023 | Surface (irrigation) | No precipitation | No precipitation | No precipitation |

| Source description | Material type | N (lbs/acre) | P (lbs/acre) | K (lbs/acre) | Salt (lbs/acre) | Amount |
|---|---|---|---|---|---|---|
| WWS | Process wastewater | 30.28 | 10.96 | 129.96 | 717.40 | 864,000.00 *gal* |
| Canal | Surface water | 0.00 | 0.00 | 0.00 | 223.76 | 4,988,600.00 *gal* |
| Application event totals | | 30.28 | 10.96 | 129.96 | 941.16 | |

| Application date | Application method | Precipitation 24 hours prior | Precipitation during application | Precipitation 24 hours following |
|---|---|---|---|---|
| 07/29/2023 | Surface (irrigation) | No precipitation | No precipitation | No precipitation |

| Source description | Material type | N (lbs/acre) | P (lbs/acre) | K (lbs/acre) | Salt (lbs/acre) | Amount |
|---|---|---|---|---|---|---|
| WWS | Process wastewater | 22.71 | 8.22 | 97.47 | 538.05 | 648,000.00 *gal* |
| Canal | Surface water | 0.00 | 0.00 | 0.00 | 211.62 | 4,717,826.00 *gal* |
| Application event totals | | 22.71 | 8.22 | 97.47 | 749.67 | |

| Application date | Application method | Precipitation 24 hours prior | Precipitation during application | Precipitation 24 hours following |
|---|---|---|---|---|
| 08/09/2023 | Surface (irrigation) | No precipitation | No precipitation | No precipitation |

| Source description | Material type | N (lbs/acre) | P (lbs/acre) | K (lbs/acre) | Salt (lbs/acre) | Amount |
|---|---|---|---|---|---|---|
| WWS | Process wastewater | 20.19 | 7.31 | 86.64 | 478.27 | 576,000.00 *gal* |
| Canal | Surface water | 0.00 | 0.00 | 0.00 | 202.11 | 4,505,928.00 *gal* |
| Application event totals | | 20.19 | 7.31 | 86.64 | 680.38 | |

## Ferreira 40 - 05/18/2023: Corn, silage

| Application date | Application method | Precipitation 24 hours prior | Precipitation during application | Precipitation 24 hours following |
|---|---|---|---|---|
| 08/18/2023 | Surface (irrigation) | No precipitation | No precipitation | No precipitation |

| Source description | Material type | N (lbs/acre) | P (lbs/acre) | K (lbs/acre) | Salt (lbs/acre) | Amount |
|---|---|---|---|---|---|---|
| WWS | Process wastewater | 29.02 | 10.50 | 124.55 | 687.51 | 828,000.00 *gal* |
| Canal | Surface water | 0.00 | 0.00 | 0.00 | 207.50 | 4,626,118.00 *gal* |
| Application event totals | | 29.02 | 10.50 | 124.55 | 895.01 | |

## Ferreira 50 - 10/25/2022: Oats, silage-soft dough

Field name: Ferreira 50

Crop: Oats, silage-soft dough

Plant date: 10/25/2022

| Application date | Application method | Precipitation 24 hours prior | Precipitation during application | Precipitation 24 hours following |
|---|---|---|---|---|
| 10/11/2022 | Surface (irrigation) | No precipitation | No precipitation | No precipitation |

| Source description | Material type | N (lbs/acre) | P (lbs/acre) | K (lbs/acre) | Salt (lbs/acre) | Amount |
|---|---|---|---|---|---|---|
| WWS | Process wastewater | 63.45 | 10.34 | 198.04 | 830.60 | 1,152,000.00 *gal* |
| Canal | Surface water | 0.00 | 0.00 | 0.00 | 282.26 | 7,866,050.00 *gal* |
| Application event totals | | 63.45 | 10.34 | 198.04 | 1,112.86 | |

| | | | | |
|---|---|---|---|---|
| 12/29/2022 | Surface (irrigation) | No precipitation | No precipitation | No precipitation |

| Source description | Material type | N (lbs/acre) | P (lbs/acre) | K (lbs/acre) | Salt (lbs/acre) | Amount |
|---|---|---|---|---|---|---|
| WWS | Process wastewater | 55.52 | 9.05 | 173.28 | 726.78 | 1,008,000.00 *gal* |
| Application event totals | | 55.52 | 9.05 | 173.28 | 726.78 | |

| | | | | |
|---|---|---|---|---|
| 02/22/2023 | Surface (irrigation) | No precipitation | No precipitation | No precipitation |

| Source description | Material type | N (lbs/acre) | P (lbs/acre) | K (lbs/acre) | Salt (lbs/acre) | Amount |
|---|---|---|---|---|---|---|
| WWS | Process wastewater | 53.53 | 8.73 | 167.09 | 700.82 | 972,000.00 *gal* |
| Application event totals | | 53.53 | 8.73 | 167.09 | 700.82 | |

## Ferreira 50 - 10/25/2022: Oats, silage-soft dough

| Application date | Application method | Precipitation 24 hours prior | Precipitation during application | Precipitation 24 hours following |
|---|---|---|---|---|
| 03/31/2023 | Surface (irrigation) | No precipitation | No precipitation | No precipitation |

| Source description | Material type | N (lbs/acre) | P (lbs/acre) | K (lbs/acre) | Salt (lbs/acre) | Amount |
|---|---|---|---|---|---|---|
| WWS | Process wastewater | 47.59 | 7.76 | 148.53 | 622.95 | 864,000.00 *gal* |
| Canal | Surface water | 0.00 | 0.00 | 0.00 | 232.55 | 6,480,600.00 *gal* |
| Application event totals | | 47.59 | 7.76 | 148.53 | 855.50 | |

## Ferreira 50 - 06/05/2023: Corn, silage

Field name: Ferreira 50

Crop: Corn, silage

Plant date: 06/05/2023

| Application date | Application method | Precipitation 24 hours prior | Precipitation during application | Precipitation 24 hours following |
|---|---|---|---|---|
| 05/22/2023 | Surface (irrigation) | No precipitation | No precipitation | No precipitation |

| Source description | Material type | N (lbs/acre) | P (lbs/acre) | K (lbs/acre) | Salt (lbs/acre) | Amount |
|---|---|---|---|---|---|---|
| Canal | Surface water | 0.00 | 0.00 | 0.00 | 309.40 | 8,622,250.00 *gal* |
| Application event totals | | 0.00 | 0.00 | 0.00 | 309.40 | |

| Application date | Application method | Precipitation 24 hours prior | Precipitation during application | Precipitation 24 hours following |
|---|---|---|---|---|
| 07/05/2023 | Surface (irrigation) | No precipitation | No precipitation | No precipitation |

| Source description | Material type | N (lbs/acre) | P (lbs/acre) | K (lbs/acre) | Salt (lbs/acre) | Amount |
|---|---|---|---|---|---|---|
| WWS | Process wastewater | 179.77 | 7.27 | 112.22 | 1,099.78 | 792,000.00 *gal* |
| Canal | Surface water | 0.00 | 0.00 | 0.00 | 279.02 | 7,775,600.00 *gal* |
| Application event totals | | 179.77 | 7.27 | 112.22 | 1,378.79 | |

| Application date | Application method | Precipitation 24 hours prior | Precipitation during application | Precipitation 24 hours following |
|---|---|---|---|---|
| 07/16/2023 | Surface (irrigation) | No precipitation | No precipitation | No precipitation |

| Source description | Material type | N (lbs/acre) | P (lbs/acre) | K (lbs/acre) | Salt (lbs/acre) | Amount |
|---|---|---|---|---|---|---|
| WWS | Process wastewater | 30.28 | 10.96 | 129.96 | 717.40 | 1,080,000.00 *gal* |
| Canal | Surface water | 0.00 | 0.00 | 0.00 | 239.01 | 6,660,750.00 *gal* |
| Application event totals | | 30.28 | 10.96 | 129.96 | 956.41 | |

Ferreira 50 - 06/05/2023: Corn, silage

| Application date | Application method | Precipitation 24 hours prior | Precipitation during application | Precipitation 24 hours following |
|---|---|---|---|---|
| 07/28/2023 | Surface (irrigation) | No precipitation | No precipitation | No precipitation |

| Source description | Material type | N (lbs/acre) | P (lbs/acre) | K (lbs/acre) | Salt (lbs/acre) | Amount |
|---|---|---|---|---|---|---|
| WWS | Process wastewater | 24.23 | 8.77 | 103.97 | 573.92 | 864,000.00 *gal* |
| Canal | Surface water | 0.00 | 0.00 | 0.00 | 222.95 | 6,213,150.00 *gal* |
| Application event totals | | 24.23 | 8.77 | 103.97 | 796.87 | |

| | | | | |
|---|---|---|---|---|
| 08/08/2023 | Surface (irrigation) | No precipitation | No precipitation | No precipitation |

| Source description | Material type | N (lbs/acre) | P (lbs/acre) | K (lbs/acre) | Salt (lbs/acre) | Amount |
|---|---|---|---|---|---|---|
| WWS | Process wastewater | 22.21 | 8.04 | 95.31 | 526.10 | 792,000.00 *gal* |
| Canal | Surface water | 0.00 | 0.00 | 0.00 | 210.86 | 5,876,130.00 *gal* |
| Application event totals | | 22.21 | 8.04 | 95.31 | 736.95 | |

| | | | | |
|---|---|---|---|---|
| 08/19/2023 | Surface (irrigation) | No precipitation | No precipitation | No precipitation |

| Source description | Material type | N (lbs/acre) | P (lbs/acre) | K (lbs/acre) | Salt (lbs/acre) | Amount |
|---|---|---|---|---|---|---|
| WWS | Process wastewater | 25.24 | 9.13 | 108.30 | 597.84 | 900,000.00 *gal* |
| Canal | Surface water | 0.00 | 0.00 | 0.00 | 203.13 | 5,660,873.00 *gal* |
| Application event totals | | 25.24 | 9.13 | 108.30 | 800.97 | |

| | | | | |
|---|---|---|---|---|
| 08/28/2023 | Surface (irrigation) | No precipitation | No precipitation | No precipitation |

| Source description | Material type | N (lbs/acre) | P (lbs/acre) | K (lbs/acre) | Salt (lbs/acre) | Amount |
|---|---|---|---|---|---|---|
| WWS | Process wastewater | 17.16 | 6.21 | 73.64 | 406.53 | 612,000.00 *gal* |
| Canal | Surface water | 0.00 | 0.00 | 0.00 | 194.09 | 5,408,921.00 *gal* |
| Application event totals | | 17.16 | 6.21 | 73.64 | 600.62 | |

| | | | | |
|---|---|---|---|---|
| 09/07/2023 | Surface (irrigation) | No precipitation | No precipitation | No precipitation |

| Source description | Material type | N (lbs/acre) | P (lbs/acre) | K (lbs/acre) | Salt (lbs/acre) | Amount |
|---|---|---|---|---|---|---|
| Canal | Surface water | 0.00 | 0.00 | 0.00 | 204.85 | 5,708,891.00 *gal* |
| Application event totals | | 0.00 | 0.00 | 0.00 | 204.85 | |

Jones - 10/25/2022: Oats, silage-soft dough

## Jones - 10/25/2022: Oats, silage-soft dough

Field name: Jones

Crop: Oats, silage-soft dough

Plant date: 10/25/2022

| Application date | Application method | Precipitation 24 hours prior | Precipitation during application | Precipitation 24 hours following |
|---|---|---|---|---|
| 10/13/2022 | Surface (irrigation) | No precipitation | No precipitation | No precipitation |

| Source description | Material type | N (lbs/acre) | P (lbs/acre) | K (lbs/acre) | Salt (lbs/acre) | Amount |
|---|---|---|---|---|---|---|
| WWS | Process wastewater | 59.48 | 9.70 | 185.66 | 778.69 | 432,000.00 *gal* |
| Canal | Surface water | 0.00 | 0.00 | 0.00 | 323.34 | 3,604,320.00 *gal* |
| Application event totals | | 59.48 | 9.70 | 185.66 | 1,102.03 | |

| Application date | Application method | Precipitation 24 hours prior | Precipitation during application | Precipitation 24 hours following |
|---|---|---|---|---|
| 01/11/2023 | Surface (irrigation) | No precipitation | No precipitation | No precipitation |

| Source description | Material type | N (lbs/acre) | P (lbs/acre) | K (lbs/acre) | Salt (lbs/acre) | Amount |
|---|---|---|---|---|---|---|
| WWS | Process wastewater | 54.53 | 8.89 | 170.19 | 713.80 | 396,000.00 *gal* |
| Application event totals | | 54.53 | 8.89 | 170.19 | 713.80 | |

| Application date | Application method | Precipitation 24 hours prior | Precipitation during application | Precipitation 24 hours following |
|---|---|---|---|---|
| 02/08/2023 | Surface (irrigation) | No precipitation | No precipitation | No precipitation |

| Source description | Material type | N (lbs/acre) | P (lbs/acre) | K (lbs/acre) | Salt (lbs/acre) | Amount |
|---|---|---|---|---|---|---|
| WWS | Process wastewater | 39.66 | 6.47 | 123.77 | 519.13 | 288,000.00 *gal* |
| Application event totals | | 39.66 | 6.47 | 123.77 | 519.13 | |

| Application date | Application method | Precipitation 24 hours prior | Precipitation during application | Precipitation 24 hours following |
|---|---|---|---|---|
| 03/30/2023 | Surface (irrigation) | No precipitation | No precipitation | No precipitation |

| Source description | Material type | N (lbs/acre) | P (lbs/acre) | K (lbs/acre) | Salt (lbs/acre) | Amount |
|---|---|---|---|---|---|---|
| WWS | Process wastewater | 49.57 | 8.08 | 154.72 | 648.91 | 360,000.00 *gal* |
| Canal | Surface water | 0.00 | 0.00 | 0.00 | 236.58 | 2,637,160.00 *gal* |
| Application event totals | | 49.57 | 8.08 | 154.72 | 885.48 | |

## Jones - 05/18/2023: Corn, silage

Field name: Jones

Crop: Corn, silage

Plant date: 05/18/2023

| Application date | Application method | Precipitation 24 hours prior | Precipitation during application | Precipitation 24 hours following |
|---|---|---|---|---|

Jones - 05/18/2023: Corn, silage

| Application date | Application method | Precipitation 24 hours prior | Precipitation during application | Precipitation 24 hours following |
|---|---|---|---|---|
| 05/06/2023 | Surface (irrigation) | No precipitation | No precipitation | No precipitation |

| Source description | Material type | N (lbs/acre) | P (lbs/acre) | K (lbs/acre) | Salt (lbs/acre) | Amount |
|---|---|---|---|---|---|---|
| WWS | Process wastewater | 204.29 | 8.26 | 127.53 | 1,249.75 | 360,000.00 *gal* |
| Canal | Surface water | 0.00 | 0.00 | 0.00 | 295.30 | 3,291,800.00 *gal* |
| Application event totals | | 204.29 | 8.26 | 127.53 | 1,545.05 | |

| | | | | |
|---|---|---|---|---|
| 06/22/2023 | Surface (irrigation) | No precipitation | No precipitation | No precipitation |

| Source description | Material type | N (lbs/acre) | P (lbs/acre) | K (lbs/acre) | Salt (lbs/acre) | Amount |
|---|---|---|---|---|---|---|
| Canal | Surface water | 0.00 | 0.00 | 0.00 | 270.40 | 3,014,200.00 *gal* |
| Application event totals | | 0.00 | 0.00 | 0.00 | 270.40 | |

| | | | | |
|---|---|---|---|---|
| 07/04/2023 | Surface (irrigation) | No precipitation | No precipitation | No precipitation |

| Source description | Material type | N (lbs/acre) | P (lbs/acre) | K (lbs/acre) | Salt (lbs/acre) | Amount |
|---|---|---|---|---|---|---|
| WWS | Process wastewater | 20.19 | 7.31 | 86.64 | 478.27 | 288,000.00 *gal* |
| Canal | Surface water | 0.00 | 0.00 | 0.00 | 237.29 | 2,645,100.00 *gal* |
| Application event totals | | 20.19 | 7.31 | 86.64 | 715.56 | |

| | | | | |
|---|---|---|---|---|
| 07/17/2023 | Surface (irrigation) | No precipitation | No precipitation | No precipitation |

| Source description | Material type | N (lbs/acre) | P (lbs/acre) | K (lbs/acre) | Salt (lbs/acre) | Amount |
|---|---|---|---|---|---|---|
| WWS | Process wastewater | 20.19 | 7.31 | 86.64 | 478.27 | 288,000.00 *gal* |
| Canal | Surface water | 0.00 | 0.00 | 0.00 | 225.84 | 2,517,500.00 *gal* |
| Application event totals | | 20.19 | 7.31 | 86.64 | 704.11 | |

| | | | | |
|---|---|---|---|---|
| 07/28/2023 | Surface (irrigation) | No precipitation | No precipitation | No precipitation |

| Source description | Material type | N (lbs/acre) | P (lbs/acre) | K (lbs/acre) | Salt (lbs/acre) | Amount |
|---|---|---|---|---|---|---|
| WWS | Process wastewater | 22.71 | 8.22 | 97.47 | 538.05 | 324,000.00 *gal* |
| Canal | Surface water | 0.00 | 0.00 | 0.00 | 203.38 | 2,267,130.00 *gal* |
| Application event totals | | 22.71 | 8.22 | 97.47 | 741.43 | |

## Jones - 05/18/2023: Corn, silage

| Application date | Application method | Precipitation 24 hours prior | Precipitation during application | Precipitation 24 hours following |
|---|---|---|---|---|
| 08/09/2023 | Surface (irrigation) | No precipitation | No precipitation | No precipitation |

| Source description | Material type | N (lbs/acre) | P (lbs/acre) | K (lbs/acre) | Salt (lbs/acre) | Amount |
|---|---|---|---|---|---|---|
| WWS | Process wastewater | 15.14 | 5.48 | 64.98 | 358.70 | 216,000.00 *gal* |
| Canal | Surface water | 0.00 | 0.00 | 0.00 | 187.42 | 2,089,173.00 *gal* |
| Application event totals | | 15.14 | 5.48 | 64.98 | 546.12 | |

| Application date | Application method | Precipitation 24 hours prior | Precipitation during application | Precipitation 24 hours following |
|---|---|---|---|---|
| 08/17/2023 | Surface (irrigation) | No precipitation | No precipitation | No precipitation |

| Source description | Material type | N (lbs/acre) | P (lbs/acre) | K (lbs/acre) | Salt (lbs/acre) | Amount |
|---|---|---|---|---|---|---|
| Canal | Surface water | 0.00 | 0.00 | 0.00 | 190.25 | 2,120,734.00 *gal* |
| Application event totals | | 0.00 | 0.00 | 0.00 | 190.25 | |

## Kindberg 35 - 11/06/2022: Oats, silage-soft dough

Field name: Kindberg 35

Crop: Oats, silage-soft dough

Plant date: 11/06/2022

| Application date | Application method | Precipitation 24 hours prior | Precipitation during application | Precipitation 24 hours following |
|---|---|---|---|---|
| 10/23/2022 | Surface (irrigation) | No precipitation | No precipitation | No precipitation |

| Source description | Material type | N (lbs/acre) | P (lbs/acre) | K (lbs/acre) | Salt (lbs/acre) | Amount |
|---|---|---|---|---|---|---|
| WWS | Process wastewater | 75.06 | 12.24 | 234.28 | 982.63 | 954,000.00 *gal* |
| Canal | Surface water | 0.00 | 0.00 | 0.00 | 292.18 | 5,699,750.00 *gal* |
| Application event totals | | 75.06 | 12.24 | 234.28 | 1,274.81 | |

| Application date | Application method | Precipitation 24 hours prior | Precipitation during application | Precipitation 24 hours following |
|---|---|---|---|---|
| 12/06/2022 | Surface (irrigation) | No precipitation | No precipitation | No precipitation |

| Source description | Material type | N (lbs/acre) | P (lbs/acre) | K (lbs/acre) | Salt (lbs/acre) | Amount |
|---|---|---|---|---|---|---|
| WWS | Process wastewater | 50.99 | 8.31 | 159.14 | 667.45 | 648,000.00 *gal* |
| Application event totals | | 50.99 | 8.31 | 159.14 | 667.45 | |

## Kindberg 35 - 11/06/2022: Oats, silage-soft dough

| Application date | Application method | Precipitation 24 hours prior | Precipitation during application | Precipitation 24 hours following |
|---|---|---|---|---|
| 02/16/2023 | Surface (irrigation) | No precipitation | No precipitation | No precipitation |

| Source description | Material type | N (lbs/acre) | P (lbs/acre) | K (lbs/acre) | Salt (lbs/acre) | Amount |
|---|---|---|---|---|---|---|
| WWS | Process wastewater | 48.15 | 7.85 | 150.30 | 630.37 | 612,000.00 *gal* |
| Application event totals | | 48.15 | 7.85 | 150.30 | 630.37 | |

| | | | | |
|---|---|---|---|---|
| 04/15/2023 | Surface (irrigation) | No precipitation | No precipitation | No precipitation |

| Source description | Material type | N (lbs/acre) | P (lbs/acre) | K (lbs/acre) | Salt (lbs/acre) | Amount |
|---|---|---|---|---|---|---|
| WWS | Process wastewater | 45.32 | 7.39 | 141.45 | 593.29 | 576,000.00 *gal* |
| Canal | Surface water | 0.00 | 0.00 | 0.00 | 228.98 | 4,466,910.00 *gal* |
| Application event totals | | 45.32 | 7.39 | 141.45 | 822.27 | |

## Kindberg 35 - 06/05/2023: Corn, silage

Field name: Kindberg 35

Crop: Corn, silage

Plant date: 06/05/2023

| Application date | Application method | Precipitation 24 hours prior | Precipitation during application | Precipitation 24 hours following |
|---|---|---|---|---|
| 05/23/2023 | Surface (irrigation) | No precipitation | No precipitation | No precipitation |

| Source description | Material type | N (lbs/acre) | P (lbs/acre) | K (lbs/acre) | Salt (lbs/acre) | Amount |
|---|---|---|---|---|---|---|
| WWS | Process wastewater | 198.45 | 8.03 | 123.88 | 1,214.04 | 612,000.00 *gal* |
| Canal | Surface water | 0.00 | 0.00 | 0.00 | 300.05 | 5,853,225.00 *gal* |
| Application event totals | | 198.45 | 8.03 | 123.88 | 1,514.09 | |

| | | | | |
|---|---|---|---|---|
| 07/04/2023 | Surface (irrigation) | No precipitation | No precipitation | No precipitation |

| Source description | Material type | N (lbs/acre) | P (lbs/acre) | K (lbs/acre) | Salt (lbs/acre) | Amount |
|---|---|---|---|---|---|---|
| Canal | Surface water | 0.00 | 0.00 | 0.00 | 269.88 | 5,264,630.00 *gal* |
| Application event totals | | 0.00 | 0.00 | 0.00 | 269.88 | |

Kindberg 35 - 06/05/2023: Corn, silage

| Application date | Application method | Precipitation 24 hours prior | Precipitation during application | Precipitation 24 hours following |
|---|---|---|---|---|
| 07/16/2023 | Surface (irrigation) | No precipitation | No precipitation | No precipitation |

| Source description | Material type | N (lbs/acre) | P (lbs/acre) | K (lbs/acre) | Salt (lbs/acre) | Amount |
|---|---|---|---|---|---|---|
| Canal | Surface water | 0.00 | 0.00 | 0.00 | 233.02 | 4,545,625.00 *gal* |
| Application event totals | | 0.00 | 0.00 | 0.00 | 233.02 | |

| Application date | Application method | Precipitation 24 hours prior | Precipitation during application | Precipitation 24 hours following |
|---|---|---|---|---|
| 07/28/2023 | Surface (irrigation) | No precipitation | No precipitation | No precipitation |

| Source description | Material type | N (lbs/acre) | P (lbs/acre) | K (lbs/acre) | Salt (lbs/acre) | Amount |
|---|---|---|---|---|---|---|
| WWS | Process wastewater | 27.40 | 9.92 | 117.58 | 649.08 | 684,000.00 *gal* |
| Canal | Surface water | 0.00 | 0.00 | 0.00 | 220.65 | 4,304,300.00 *gal* |
| Application event totals | | 27.40 | 9.92 | 117.58 | 869.73 | |

| Application date | Application method | Precipitation 24 hours prior | Precipitation during application | Precipitation 24 hours following |
|---|---|---|---|---|
| 08/08/2023 | Surface (irrigation) | No precipitation | No precipitation | No precipitation |

| Source description | Material type | N (lbs/acre) | P (lbs/acre) | K (lbs/acre) | Salt (lbs/acre) | Amount |
|---|---|---|---|---|---|---|
| WWS | Process wastewater | 21.63 | 7.83 | 92.83 | 512.43 | 540,000.00 *gal* |
| Canal | Surface water | 0.00 | 0.00 | 0.00 | 205.51 | 4,008,976.00 *gal* |
| Application event totals | | 21.63 | 7.83 | 92.83 | 717.94 | |

| Application date | Application method | Precipitation 24 hours prior | Precipitation during application | Precipitation 24 hours following |
|---|---|---|---|---|
| 08/18/2023 | Surface (irrigation) | No precipitation | No precipitation | No precipitation |

| Source description | Material type | N (lbs/acre) | P (lbs/acre) | K (lbs/acre) | Salt (lbs/acre) | Amount |
|---|---|---|---|---|---|---|
| WWS | Process wastewater | 23.07 | 8.35 | 99.02 | 546.59 | 576,000.00 *gal* |
| Canal | Surface water | 0.00 | 0.00 | 0.00 | 190.85 | 3,723,080.00 *gal* |
| Application event totals | | 23.07 | 8.35 | 99.02 | 737.45 | |

| Application date | Application method | Precipitation 24 hours prior | Precipitation during application | Precipitation 24 hours following |
|---|---|---|---|---|
| 08/28/2023 | Surface (irrigation) | No precipitation | No precipitation | No precipitation |

| Source description | Material type | N (lbs/acre) | P (lbs/acre) | K (lbs/acre) | Salt (lbs/acre) | Amount |
|---|---|---|---|---|---|---|
| WWS | Process wastewater | 17.30 | 6.26 | 74.26 | 409.94 | 432,000.00 *gal* |
| Canal | Surface water | 0.00 | 0.00 | 0.00 | 195.64 | 3,816,380.00 *gal* |
| Application event totals | | 17.30 | 6.26 | 74.26 | 605.58 | |

## Kindberg 35 - 06/05/2023: Corn, silage

| Application date | Application method | Precipitation 24 hours prior | Precipitation during application | Precipitation 24 hours following |
|---|---|---|---|---|
| 09/07/2023 | Surface (irrigation) | No precipitation | No precipitation | No precipitation |

| Source description | Material type | N (lbs/acre) | P (lbs/acre) | K (lbs/acre) | Salt (lbs/acre) | Amount |
|---|---|---|---|---|---|---|
| Canal | Surface water | 0.00 | 0.00 | 0.00 | 174.67 | 3,407,360.00 *gal* |
| Application event totals | | 0.00 | 0.00 | 0.00 | 174.67 | |

## Nyman - 10/25/2022: Oats, silage-soft dough

Field name: Nyman

Crop: Oats, silage-soft dough

Plant date: 10/25/2022

| Application date | Application method | Precipitation 24 hours prior | Precipitation during application | Precipitation 24 hours following |
|---|---|---|---|---|
| 10/10/2022 | Surface (irrigation) | No precipitation | No precipitation | No precipitation |

| Source description | Material type | N (lbs/acre) | P (lbs/acre) | K (lbs/acre) | Salt (lbs/acre) | Amount |
|---|---|---|---|---|---|---|
| WWS | Process wastewater | 61.96 | 10.10 | 193.40 | 811.13 | 900,000.00 *gal* |
| Canal | Surface water | 0.00 | 0.00 | 0.00 | 312.57 | 6,968,600.00 *gal* |
| Application event totals | | 61.96 | 10.10 | 193.40 | 1,123.71 | |

| | | | | |
|---|---|---|---|---|
| 01/04/2023 | Surface (irrigation) | No precipitation | No precipitation | No precipitation |

| Source description | Material type | N (lbs/acre) | P (lbs/acre) | K (lbs/acre) | Salt (lbs/acre) | Amount |
|---|---|---|---|---|---|---|
| WWS | Process wastewater | 49.57 | 8.08 | 154.72 | 648.91 | 720,000.00 *gal* |
| Application event totals | | 49.57 | 8.08 | 154.72 | 648.91 | |

| | | | | |
|---|---|---|---|---|
| 02/12/2023 | Surface (irrigation) | No precipitation | No precipitation | No precipitation |

| Source description | Material type | N (lbs/acre) | P (lbs/acre) | K (lbs/acre) | Salt (lbs/acre) | Amount |
|---|---|---|---|---|---|---|
| WWS | Process wastewater | 42.13 | 6.87 | 131.51 | 551.57 | 612,000.00 *gal* |
| Application event totals | | 42.13 | 6.87 | 131.51 | 551.57 | |

## Nyman - 10/25/2022: Oats, silage-soft dough

| Application date | Application method | Precipitation 24 hours prior | Precipitation during application | Precipitation 24 hours following |
|---|---|---|---|---|
| 03/31/2023 | Surface (irrigation) | No precipitation | No precipitation | No precipitation |

| Source description | Material type | N (lbs/acre) | P (lbs/acre) | K (lbs/acre) | Salt (lbs/acre) | Amount |
|---|---|---|---|---|---|---|
| WWS | Process wastewater | 58.24 | 9.50 | 181.79 | 762.47 | 846,000.00 *gal* |
| Canal | Surface water | 0.00 | 0.00 | 0.00 | 219.81 | 4,900,600.00 *gal* |
| Application event totals | | 58.24 | 9.50 | 181.79 | 982.28 | |

## Nyman - 05/19/2023: Corn, silage

Field name: Nyman

Crop: Corn, silage

Plant date: 05/19/2023

| Application date | Application method | Precipitation 24 hours prior | Precipitation during application | Precipitation 24 hours following |
|---|---|---|---|---|
| 05/02/2023 | Surface (irrigation) | No precipitation | No precipitation | No precipitation |

| Source description | Material type | N (lbs/acre) | P (lbs/acre) | K (lbs/acre) | Salt (lbs/acre) | Amount |
|---|---|---|---|---|---|---|
| WWS | Process wastewater | 204.29 | 8.26 | 127.53 | 1,249.75 | 720,000.00 *gal* |
| Canal | Surface water | 0.00 | 0.00 | 0.00 | 296.76 | 6,616,000.00 *gal* |
| Application event totals | | 204.29 | 8.26 | 127.53 | 1,546.50 | |

| Application date | Application method | Precipitation 24 hours prior | Precipitation during application | Precipitation 24 hours following |
|---|---|---|---|---|
| 06/22/2023 | Surface (irrigation) | No precipitation | No precipitation | No precipitation |

| Source description | Material type | N (lbs/acre) | P (lbs/acre) | K (lbs/acre) | Salt (lbs/acre) | Amount |
|---|---|---|---|---|---|---|
| Canal | Surface water | 0.00 | 0.00 | 0.00 | 252.26 | 5,623,920.00 *gal* |
| Application event totals | | 0.00 | 0.00 | 0.00 | 252.26 | |

| Application date | Application method | Precipitation 24 hours prior | Precipitation during application | Precipitation 24 hours following |
|---|---|---|---|---|
| 07/01/2023 | Surface (irrigation) | No precipitation | No precipitation | No precipitation |

| Source description | Material type | N (lbs/acre) | P (lbs/acre) | K (lbs/acre) | Salt (lbs/acre) | Amount |
|---|---|---|---|---|---|---|
| Canal | Surface water | 0.00 | 0.00 | 0.00 | 231.00 | 5,150,000.00 *gal* |
| Application event totals | | 0.00 | 0.00 | 0.00 | 231.00 | |

Nyman - 05/19/2023: Corn, silage

| Application date | Application method | Precipitation 24 hours prior | Precipitation during application | Precipitation 24 hours following |
|---|---|---|---|---|
| 07/12/2023 | Surface (irrigation) | No precipitation | No precipitation | No precipitation |

| Source description | Material type | N (lbs/acre) | P (lbs/acre) | K (lbs/acre) | Salt (lbs/acre) | Amount |
|---|---|---|---|---|---|---|
| WWS | Process wastewater | 30.28 | 10.96 | 129.96 | 717.40 | 864,000.00 *gal* |
| Canal | Surface water | 0.00 | 0.00 | 0.00 | 220.46 | 4,915,000.00 *gal* |
| Application event totals | | 30.28 | 10.96 | 129.96 | 937.86 | |

| Application date | Application method | Precipitation 24 hours prior | Precipitation during application | Precipitation 24 hours following |
|---|---|---|---|---|
| 07/24/2023 | Surface (irrigation) | No precipitation | No precipitation | No precipitation |

| Source description | Material type | N (lbs/acre) | P (lbs/acre) | K (lbs/acre) | Salt (lbs/acre) | Amount |
|---|---|---|---|---|---|---|
| WWS | Process wastewater | 22.71 | 8.22 | 97.47 | 538.05 | 648,000.00 *gal* |
| Canal | Surface water | 0.00 | 0.00 | 0.00 | 213.46 | 4,759,000.00 *gal* |
| Application event totals | | 22.71 | 8.22 | 97.47 | 751.51 | |

| Application date | Application method | Precipitation 24 hours prior | Precipitation during application | Precipitation 24 hours following |
|---|---|---|---|---|
| 08/09/2023 | Surface (irrigation) | No precipitation | No precipitation | No precipitation |

| Source description | Material type | N (lbs/acre) | P (lbs/acre) | K (lbs/acre) | Salt (lbs/acre) | Amount |
|---|---|---|---|---|---|---|
| WWS | Process wastewater | 18.30 | 6.62 | 78.52 | 433.43 | 522,000.00 *gal* |
| Canal | Surface water | 0.00 | 0.00 | 0.00 | 203.29 | 4,532,113.00 *gal* |
| Application event totals | | 18.30 | 6.62 | 78.52 | 636.72 | |

| Application date | Application method | Precipitation 24 hours prior | Precipitation during application | Precipitation 24 hours following |
|---|---|---|---|---|
| 08/17/2023 | Surface (irrigation) | No precipitation | No precipitation | No precipitation |

| Source description | Material type | N (lbs/acre) | P (lbs/acre) | K (lbs/acre) | Salt (lbs/acre) | Amount |
|---|---|---|---|---|---|---|
| Canal | Surface water | 0.00 | 0.00 | 0.00 | 207.07 | 4,616,421.00 *gal* |
| Application event totals | | 0.00 | 0.00 | 0.00 | 207.07 | |

## B. NUTRIENT BUDGET

Belew - 10/24/2022: Oats, silage-soft dough

Field name: Belew | Crop: Oats, silage-soft dough | Plant date: 10/24/2022

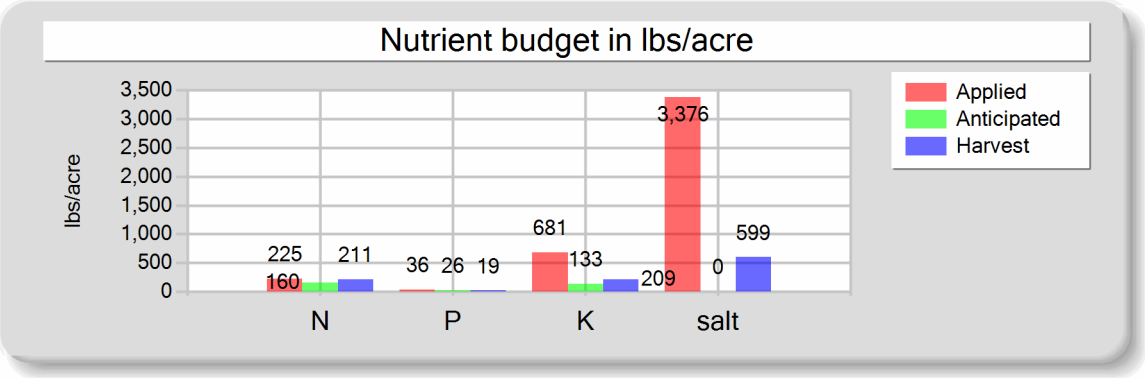


| | Total N (lbs/acre) | Total P (lbs/acre) | Total K (lbs/acre) | Total salt (lbs/acre) |
|---|---|---|---|---|
| Existing soil nutrient content | 0.00 | 0.00 | 0.00 | 0.00 |
| Plowdown credit | 0.00 | 0.00 | 0.00 | 0.00 |
| Commercial fertilizer / Other | 0.00 | 0.00 | 0.00 | 0.00 |
| Dry manure | 0.00 | 0.00 | 0.00 | 0.00 |
| Process wastewater | 218.10 | 35.56 | 680.75 | 2,855.19 |
| Fresh water | 0.00 | 0.00 | 0.00 | 521.23 |
| Atmospheric deposition | 7.00 | 0.00 | 0.00 | 0.00 |
| Total nutrients applied | 225.10 | 35.56 | 680.75 | 3,376.42 |
| Anticipated crop nutrient removal | 160.00 | 25.60 | 132.80 | 0.00 |
| Actual crop nutrient removal | 211.46 | 19.44 | 209.03 | 599.39 |
| Nutrient balance | 13.64 | 16.11 | 471.72 | 2,777.04 |
| Applied to removed ratio | 1.06 | 1.83 | 3.26 | 5.63 |

| Fresh water applied | |
|---|---|
| 5,810,280.00 | *gallons* |
| 213.97 | *acre-inches* |
| 10.70 | *inches/acre* |

| Process wastewater applied | |
|---|---|
| 1,584,000.00 | *gallons* |
| 58.33 | *acre-inches* |
| 2.92 | *inches/acre* |

| Total harvests for the crop | |
|---|---|
| 1 | *harvests* |

Belew - 05/18/2023: Corn, silage

Field name: Belew  Crop: Corn, silage  Plant date: 05/18/2023

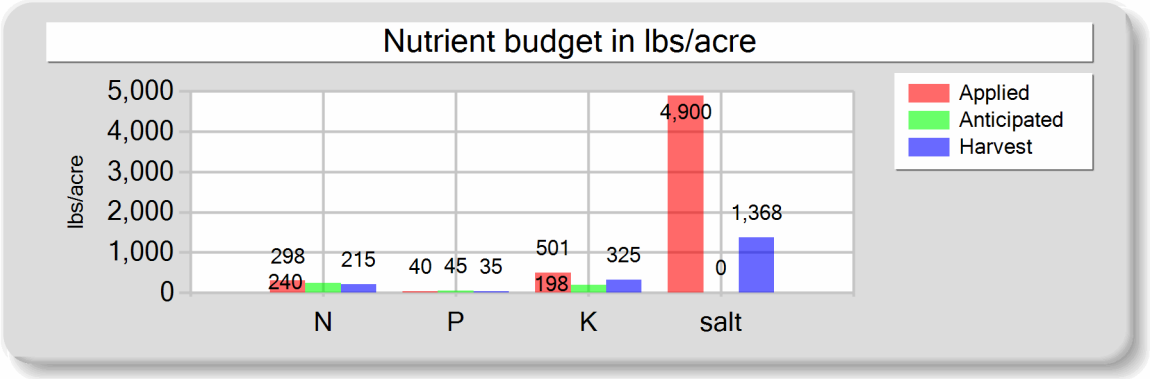


| | Total N (lbs/acre) | Total P (lbs/acre) | Total K (lbs/acre) | Total salt (lbs/acre) |
|---|---|---|---|---|
| Existing soil nutrient content | 0.00 | 0.00 | 0.00 | 0.00 |
| Plowdown credit | 0.00 | 0.00 | 0.00 | 0.00 |
| Commercial fertilizer / Other | 0.00 | 0.00 | 0.00 | 0.00 |
| Dry manure | 0.00 | 0.00 | 0.00 | 0.00 |
| Process wastewater | 291.35 | 39.77 | 501.17 | 3,312.28 |
| Fresh water | 0.00 | 0.00 | 0.00 | 1,587.88 |
| Atmospheric deposition | 7.00 | 0.00 | 0.00 | 0.00 |
| Total nutrients applied | 298.35 | 39.77 | 501.17 | 4,900.16 |
| Anticipated crop nutrient removal | 240.00 | 45.00 | 198.00 | 0.00 |
| Actual crop nutrient removal | 214.65 | 34.62 | 325.43 | 1,367.51 |
| Nutrient balance | 83.70 | 5.15 | 175.74 | 3,532.65 |
| Applied to removed ratio | 1.39 | 1.15 | 1.54 | 3.58 |

| Fresh water applied | |
|---|---|
| 17,700,409.00 | *gallons* |
| 651.85 | *acre-inches* |
| 32.59 | *inches/acre* |

| Process wastewater applied | |
|---|---|
| 1,602,000.00 | *gallons* |
| 59.00 | *acre-inches* |
| 2.95 | *inches/acre* |

| Total harvests for the crop | |
|---|---|
| 1 | *harvests* |

## Clover East - 10/25/2022: Oats, silage-soft dough

Field name: Clover East | Crop: Oats, silage-soft dough | Plant date: 10/25/2022

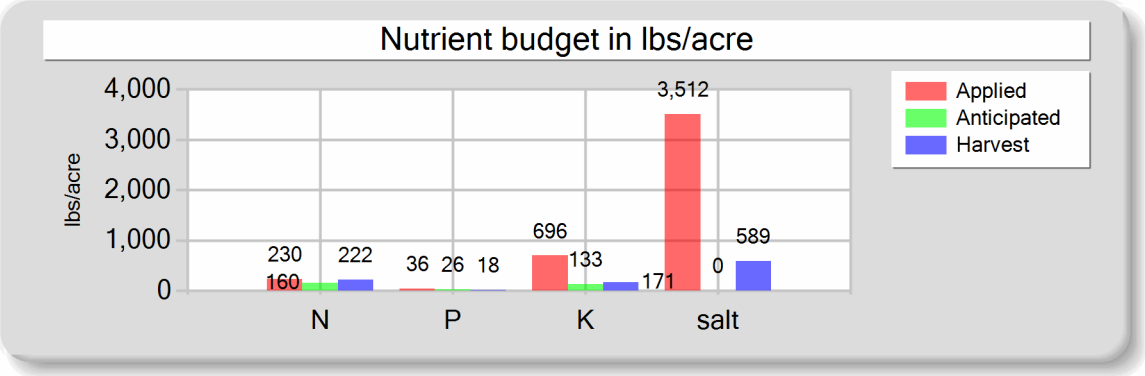


| | Total N (lbs/acre) | Total P (lbs/acre) | Total K (lbs/acre) | Total salt (lbs/acre) |
|---|---|---|---|---|
| Existing soil nutrient content | 0.00 | 0.00 | 0.00 | 0.00 |
| Plowdown credit | 0.00 | 0.00 | 0.00 | 0.00 |
| Commercial fertilizer / Other | 0.00 | 0.00 | 0.00 | 0.00 |
| Dry manure | 0.00 | 0.00 | 0.00 | 0.00 |
| Process wastewater | 223.06 | 36.37 | 696.22 | 2,920.08 |
| Fresh water | 0.00 | 0.00 | 0.00 | 591.68 |
| Atmospheric deposition | 7.00 | 0.00 | 0.00 | 0.00 |
| Total nutrients applied | 230.06 | 36.37 | 696.22 | 3,511.77 |
| Anticipated crop nutrient removal | 160.00 | 25.60 | 132.80 | 0.00 |
| Actual crop nutrient removal | 222.43 | 17.97 | 170.76 | 589.11 |
| Nutrient balance | 7.63 | 18.39 | 525.47 | 2,922.65 |
| Applied to removed ratio | 1.03 | 2.02 | 4.08 | 5.96 |

| Fresh water applied | |
|---|---|
| 13,191,200.00 | *gallons* |
| 485.79 | *acre-inches* |
| 12.14 | *inches/acre* |

| Process wastewater applied | |
|---|---|
| 3,240,000.00 | *gallons* |
| 119.32 | *acre-inches* |
| 2.98 | *inches/acre* |

| Total harvests for the crop | |
|---|---|
| 1 | *harvests* |

## Clover East - 06/05/2023: Corn, silage

Field name: Clover East | Crop: Corn, silage | Plant date: 06/05/2023

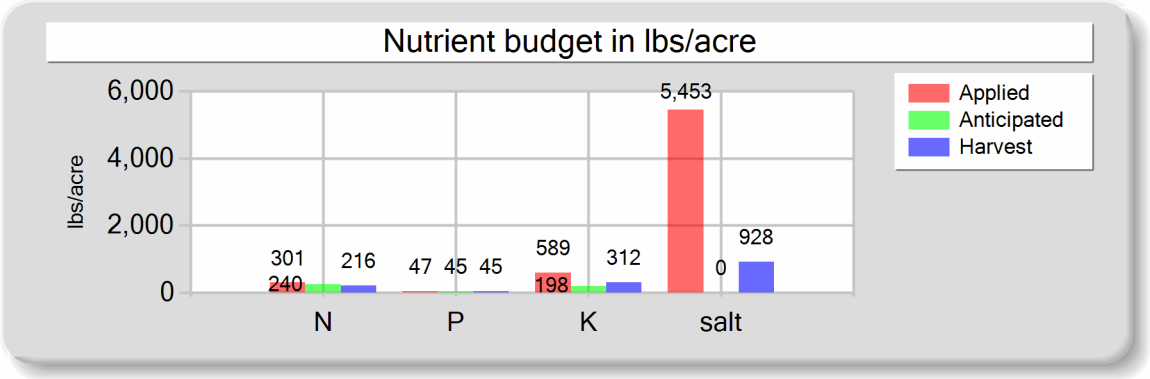


| | Total N (lbs/acre) | Total P (lbs/acre) | Total K (lbs/acre) | Total salt (lbs/acre) |
|---|---|---|---|---|
| Existing soil nutrient content | 0.00 | 0.00 | 0.00 | 0.00 |
| Plowdown credit | 0.00 | 0.00 | 0.00 | 0.00 |
| Commercial fertilizer / Other | 0.00 | 0.00 | 0.00 | 0.00 |
| Dry manure | 0.00 | 0.00 | 0.00 | 0.00 |
| Process wastewater | 294.26 | 47.39 | 588.59 | 3,740.30 |
| Fresh water | 0.00 | 0.00 | 0.00 | 1,713.10 |
| Atmospheric deposition | 7.00 | 0.00 | 0.00 | 0.00 |
| Total nutrients applied | 301.26 | 47.39 | 588.59 | 5,453.41 |
| Anticipated crop nutrient removal | 240.00 | 45.00 | 198.00 | 0.00 |
| Actual crop nutrient removal | 215.86 | 45.44 | 312.42 | 927.77 |
| Nutrient balance | 85.40 | 1.95 | 276.17 | 4,525.64 |
| Applied to removed ratio | 1.40 | 1.04 | 1.88 | 5.88 |

| Fresh water applied | |
|---|---|
| 38,192,540.00 | *gallons* |
| 1,406.50 | *acre-inches* |
| 35.16 | *inches/acre* |

| Process wastewater applied | |
|---|---|
| 3,798,000.00 | *gallons* |
| 139.87 | *acre-inches* |
| 3.50 | *inches/acre* |

| Total harvests for the crop | |
|---|---|
| 1 | *harvests* |

## Clover West - 11/06/2022: Oats, silage-soft dough

Field name: Clover West | Crop: Oats, silage-soft dough | Plant date: 11/06/2022

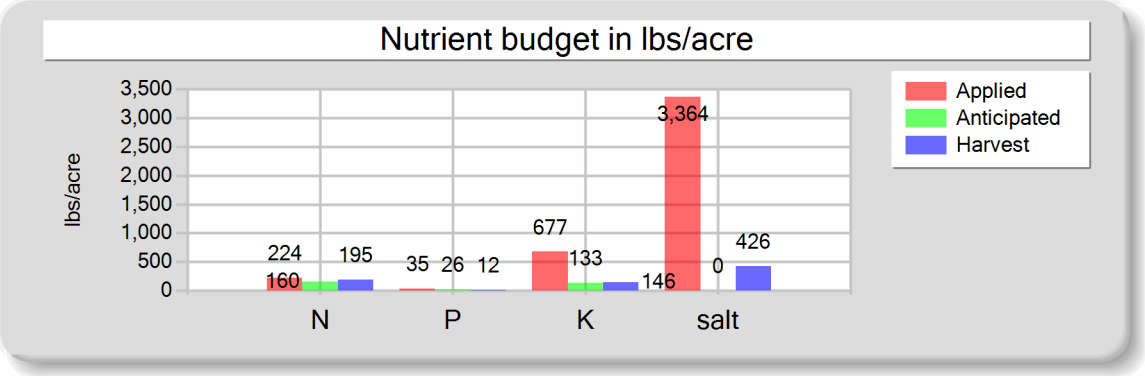


| | Total N (lbs/acre) | Total P (lbs/acre) | Total K (lbs/acre) | Total salt (lbs/acre) |
|---|---|---|---|---|
| Existing soil nutrient content | 0.00 | 0.00 | 0.00 | 0.00 |
| Plowdown credit | 0.00 | 0.00 | 0.00 | 0.00 |
| Commercial fertilizer / Other | 0.00 | 0.00 | 0.00 | 0.00 |
| Dry manure | 0.00 | 0.00 | 0.00 | 0.00 |
| Process wastewater | 216.87 | 35.36 | 676.88 | 2,838.97 |
| Fresh water | 0.00 | 0.00 | 0.00 | 525.51 |
| Atmospheric deposition | 7.00 | 0.00 | 0.00 | 0.00 |
| Total nutrients applied | 223.87 | 35.36 | 676.88 | 3,364.48 |
| Anticipated crop nutrient removal | 160.00 | 25.60 | 132.80 | 0.00 |
| Actual crop nutrient removal | 195.31 | 12.21 | 146.48 | 425.72 |
| Nutrient balance | 28.55 | 23.15 | 530.40 | 2,938.76 |
| Applied to removed ratio | 1.15 | 2.90 | 4.62 | 7.90 |

| Fresh water applied | |
|---|---|
| 11,715,880.00 | *gallons* |
| 431.46 | *acre-inches* |
| 10.79 | *inches/acre* |

| Process wastewater applied | |
|---|---|
| 3,150,000.00 | *gallons* |
| 116.00 | *acre-inches* |
| 2.90 | *inches/acre* |

| Total harvests for the crop | |
|---|---|
| 1 | *harvests* |

## Clover West - 06/05/2023: Corn, silage

Field name: Clover West | Crop: Corn, silage | Plant date: 06/05/2023

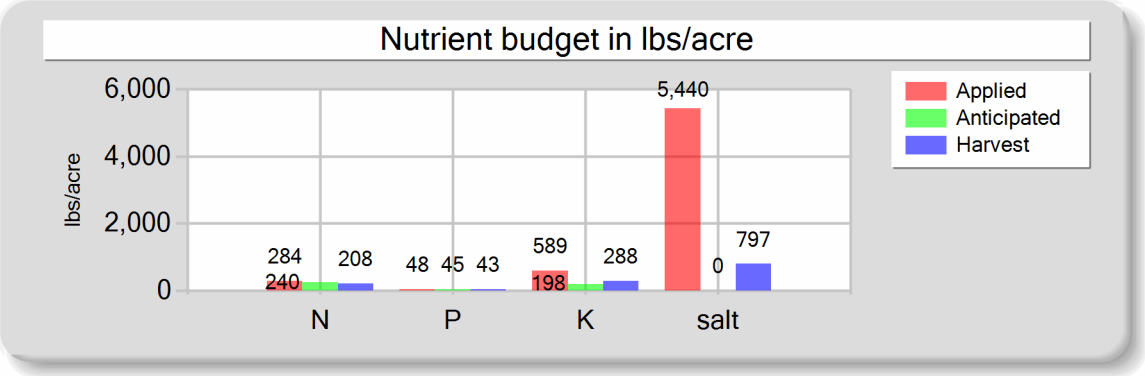


| | Total N (lbs/acre) | Total P (lbs/acre) | Total K (lbs/acre) | Total salt (lbs/acre) |
|---|---|---|---|---|
| Existing soil nutrient content | 0.00 | 0.00 | 0.00 | 0.00 |
| Plowdown credit | 0.00 | 0.00 | 0.00 | 0.00 |
| Commercial fertilizer / Other | 0.00 | 0.00 | 0.00 | 0.00 |
| Dry manure | 0.00 | 0.00 | 0.00 | 0.00 |
| Process wastewater | 276.99 | 47.71 | 589.38 | 3,690.06 |
| Fresh water | 0.00 | 0.00 | 0.00 | 1,749.93 |
| Atmospheric deposition | 7.00 | 0.00 | 0.00 | 0.00 |
| Total nutrients applied | 283.99 | 47.71 | 589.38 | 5,439.99 |
| Anticipated crop nutrient removal | 240.00 | 45.00 | 198.00 | 0.00 |
| Actual crop nutrient removal | 208.19 | 42.71 | 288.27 | 796.99 |
| Nutrient balance | 75.80 | 5.00 | 301.11 | 4,643.00 |
| Applied to removed ratio | 1.36 | 1.12 | 2.04 | 6.83 |

| Fresh water applied | |
|---|---|
| 39,013,611.00 | *gallons* |
| 1,436.74 | *acre-inches* |
| 35.92 | *inches/acre* |

| Process wastewater applied | |
|---|---|
| 3,816,000.00 | *gallons* |
| 140.53 | *acre-inches* |
| 3.51 | *inches/acre* |

| Total harvests for the crop | |
|---|---|
| 1 | *harvests* |

## Coehlo - 10/25/2022: Oats, silage-soft dough

Field name: Coehlo | Crop: Oats, silage-soft dough | Plant date: 10/25/2022

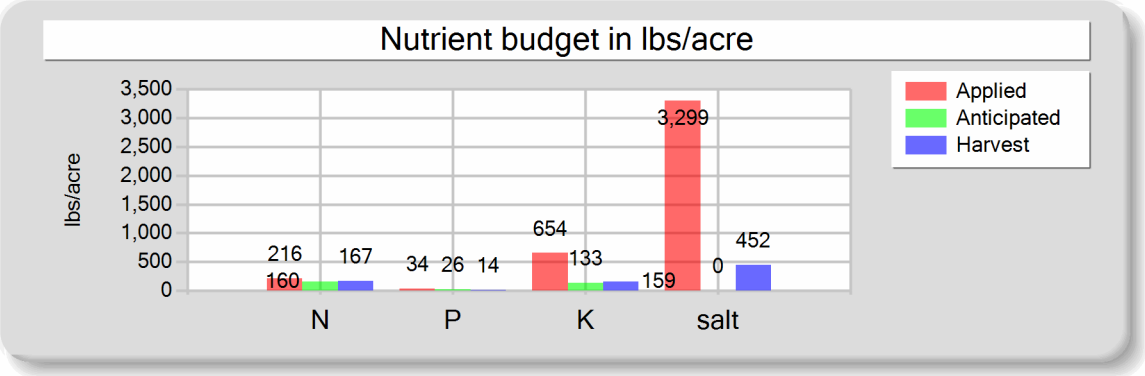


| | Total N (lbs/acre) | Total P (lbs/acre) | Total K (lbs/acre) | Total salt (lbs/acre) |
|---|---|---|---|---|
| Existing soil nutrient content | 0.00 | 0.00 | 0.00 | 0.00 |
| Plowdown credit | 0.00 | 0.00 | 0.00 | 0.00 |
| Commercial fertilizer / Other | 0.00 | 0.00 | 0.00 | 0.00 |
| Dry manure | 0.00 | 0.00 | 0.00 | 0.00 |
| Process wastewater | 209.43 | 34.14 | 653.68 | 2,741.63 |
| Fresh water | 0.00 | 0.00 | 0.00 | 557.04 |
| Atmospheric deposition | 7.00 | 0.00 | 0.00 | 0.00 |
| Total nutrients applied | 216.43 | 34.14 | 653.68 | 3,298.67 |
| Anticipated crop nutrient removal | 160.00 | 25.60 | 132.80 | 0.00 |
| Actual crop nutrient removal | 166.79 | 13.58 | 159.03 | 451.50 |
| Nutrient balance | 49.64 | 20.57 | 494.64 | 2,847.17 |
| Applied to removed ratio | 1.30 | 2.51 | 4.11 | 7.31 |

| Fresh water applied | |
|---|---|
| 12,418,800.00 | *gallons* |
| 457.34 | *acre-inches* |
| 11.43 | *inches/acre* |

| Process wastewater applied | |
|---|---|
| 3,042,000.00 | *gallons* |
| 112.03 | *acre-inches* |
| 2.80 | *inches/acre* |

| Total harvests for the crop | |
|---|---|
| 1 | *harvests* |

## Coehlo - 05/18/2023: Corn, silage

Field name: Coehlo  Crop: Corn, silage  Plant date: 05/18/2023

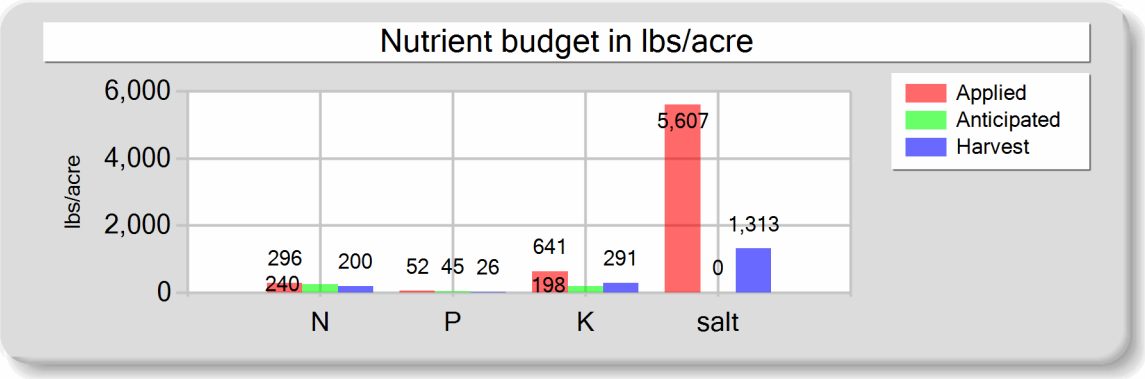


| | Total N (lbs/acre) | Total P (lbs/acre) | Total K (lbs/acre) | Total salt (lbs/acre) |
|---|---|---|---|---|
| Existing soil nutrient content | 0.00 | 0.00 | 0.00 | 0.00 |
| Plowdown credit | 0.00 | 0.00 | 0.00 | 0.00 |
| Commercial fertilizer / Other | 0.00 | 0.00 | 0.00 | 0.00 |
| Dry manure | 0.00 | 0.00 | 0.00 | 0.00 |
| Process wastewater | 288.97 | 52.04 | 640.82 | 3,974.03 |
| Fresh water | 0.00 | 0.00 | 0.00 | 1,632.60 |
| Atmospheric deposition | 7.00 | 0.00 | 0.00 | 0.00 |
| Total nutrients applied | 295.97 | 52.04 | 640.82 | 5,606.63 |
| Anticipated crop nutrient removal | 240.00 | 45.00 | 198.00 | 0.00 |
| Actual crop nutrient removal | 200.21 | 25.83 | 290.63 | 1,312.87 |
| Nutrient balance | 95.76 | 26.21 | 350.19 | 4,293.76 |
| Applied to removed ratio | 1.48 | 2.01 | 2.20 | 4.27 |

| Fresh water applied | |
|---|---|
| 36,397,856.00 | *gallons* |
| 1,340.41 | *acre-inches* |
| 33.51 | *inches/acre* |

| Process wastewater applied | |
|---|---|
| 4,158,000.00 | *gallons* |
| 153.13 | *acre-inches* |
| 3.83 | *inches/acre* |

| Total harvests for the crop | |
|---|---|
| 1 | *harvests* |

## Coehlo S - 10/24/2022: Oats, silage-soft dough

Field name: Coehlo S | Crop: Oats, silage-soft dough | Plant date: 10/24/2022

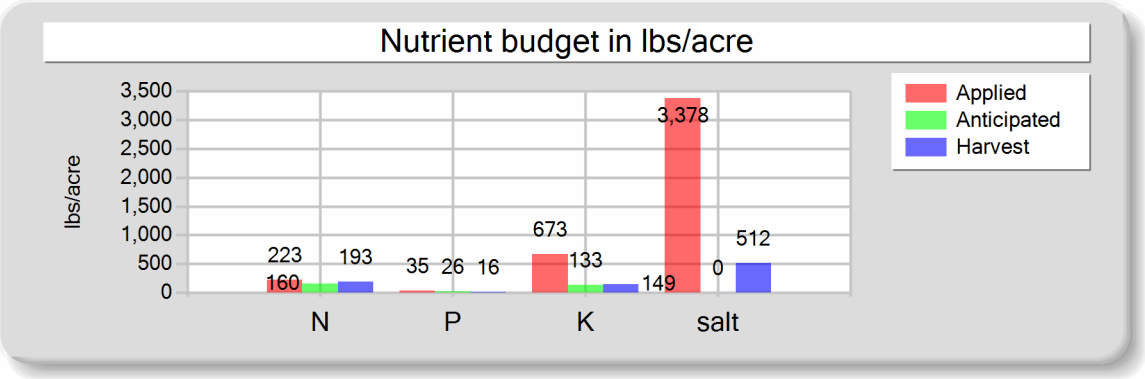


| | Total N (lbs/acre) | Total P (lbs/acre) | Total K (lbs/acre) | Total salt (lbs/acre) |
|---|---|---|---|---|
| Existing soil nutrient content | 0.00 | 0.00 | 0.00 | 0.00 |
| Plowdown credit | 0.00 | 0.00 | 0.00 | 0.00 |
| Commercial fertilizer / Other | 0.00 | 0.00 | 0.00 | 0.00 |
| Dry manure | 0.00 | 0.00 | 0.00 | 0.00 |
| Process wastewater | 215.63 | 35.15 | 673.02 | 2,822.75 |
| Fresh water | 0.00 | 0.00 | 0.00 | 555.32 |
| Atmospheric deposition | 7.00 | 0.00 | 0.00 | 0.00 |
| Total nutrients applied | 222.63 | 35.15 | 673.02 | 3,378.07 |
| Anticipated crop nutrient removal | 160.00 | 25.60 | 132.80 | 0.00 |
| Actual crop nutrient removal | 193.46 | 15.63 | 148.52 | 512.38 |
| Nutrient balance | 29.17 | 19.52 | 524.50 | 2,865.69 |
| Applied to removed ratio | 1.15 | 2.25 | 4.53 | 6.59 |

| Fresh water applied | |
|---|---|
| 12,380,600.00 | *gallons* |
| 455.94 | *acre-inches* |
| 11.40 | *inches/acre* |

| Process wastewater applied | |
|---|---|
| 3,132,000.00 | *gallons* |
| 115.34 | *acre-inches* |
| 2.88 | *inches/acre* |

| Total harvests for the crop | |
|---|---|
| 1 | *harvests* |

## Coehlo S - 05/19/2023: Corn, silage

Field name: Coehlo S  Crop: Corn, silage  Plant date: 05/19/2023

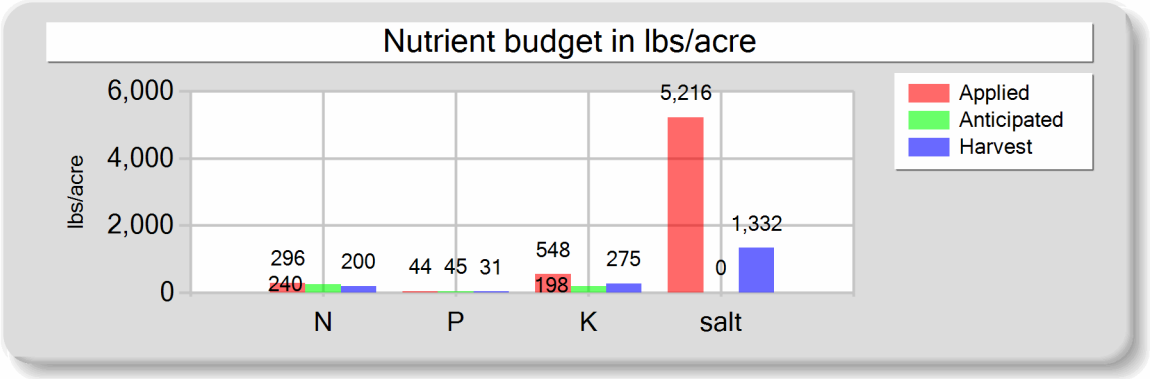


| | Total N (lbs/acre) | Total P (lbs/acre) | Total K (lbs/acre) | Total salt (lbs/acre) |
|---|---|---|---|---|
| Existing soil nutrient content | 0.00 | 0.00 | 0.00 | 0.00 |
| Plowdown credit | 0.00 | 0.00 | 0.00 | 0.00 |
| Commercial fertilizer / Other | 0.00 | 0.00 | 0.00 | 0.00 |
| Dry manure | 0.00 | 0.00 | 0.00 | 0.00 |
| Process wastewater | 289.27 | 43.94 | 548.46 | 3,532.41 |
| Fresh water | 0.00 | 0.00 | 0.00 | 1,683.61 |
| Atmospheric deposition | 7.00 | 0.00 | 0.00 | 0.00 |
| Total nutrients applied | 296.27 | 43.94 | 548.46 | 5,216.02 |
| Anticipated crop nutrient removal | 240.00 | 45.00 | 198.00 | 0.00 |
| Actual crop nutrient removal | 199.76 | 31.21 | 274.67 | 1,331.88 |
| Nutrient balance | 96.52 | 12.73 | 273.80 | 3,884.14 |
| Applied to removed ratio | 1.48 | 1.41 | 2.00 | 3.92 |

| Fresh water applied | |
|---|---|
| 37,534,913.00 | *gallons* |
| 1,382.28 | *acre-inches* |
| 34.56 | *inches/acre* |

| Process wastewater applied | |
|---|---|
| 3,528,000.00 | *gallons* |
| 129.92 | *acre-inches* |
| 3.25 | *inches/acre* |

| Total harvests for the crop | |
|---|---|
| 1 | *harvests* |

## Dias East/West - 10/25/2022: Oats, silage-soft dough

Field name: Dias East/West  Crop: Oats, silage-soft dough  Plant date: 10/25/2022

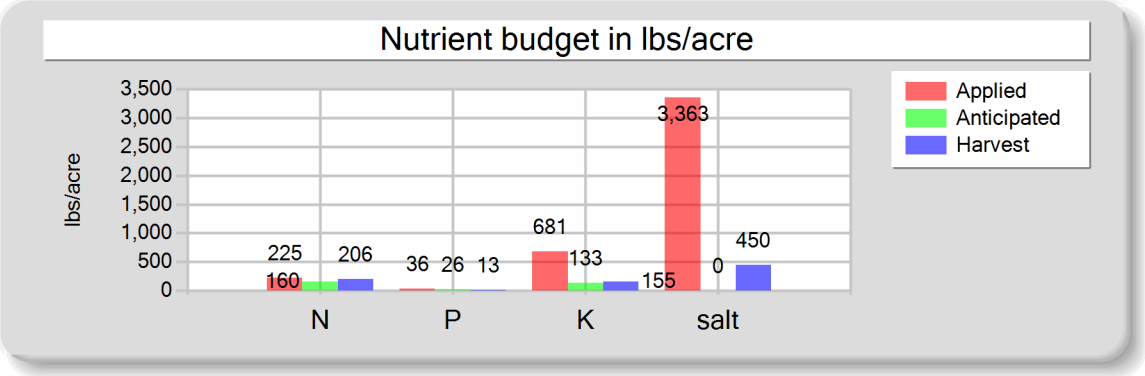


| | Total N (lbs/acre) | Total P (lbs/acre) | Total K (lbs/acre) | Total salt (lbs/acre) |
|---|---|---|---|---|
| Existing soil nutrient content | 0.00 | 0.00 | 0.00 | 0.00 |
| Plowdown credit | 0.00 | 0.00 | 0.00 | 0.00 |
| Commercial fertilizer / Other | 0.00 | 0.00 | 0.00 | 0.00 |
| Dry manure | 0.00 | 0.00 | 0.00 | 0.00 |
| Process wastewater | 218.10 | 35.56 | 680.75 | 2,855.19 |
| Fresh water | 0.00 | 0.00 | 0.00 | 507.79 |
| Atmospheric deposition | 7.00 | 0.00 | 0.00 | 0.00 |
| Total nutrients applied | 225.10 | 35.56 | 680.75 | 3,362.98 |
| Anticipated crop nutrient removal | 160.00 | 25.60 | 132.80 | 0.00 |
| Actual crop nutrient removal | 206.45 | 12.90 | 154.84 | 449.99 |
| Nutrient balance | 18.66 | 22.65 | 525.92 | 2,912.99 |
| Applied to removed ratio | 1.09 | 2.76 | 4.40 | 7.47 |

| Fresh water applied | |
|---|---|
| 11,320,760.00 | *gallons* |
| 416.91 | *acre-inches* |
| 10.42 | *inches/acre* |

| Process wastewater applied | |
|---|---|
| 3,168,000.00 | *gallons* |
| 116.67 | *acre-inches* |
| 2.92 | *inches/acre* |

| Total harvests for the crop | |
|---|---|
| 1 | *harvests* |

## Dias East/West - 06/05/2023: Corn, silage

Field name: Dias East/West  Crop: Corn, silage  Plant date: 06/05/2023

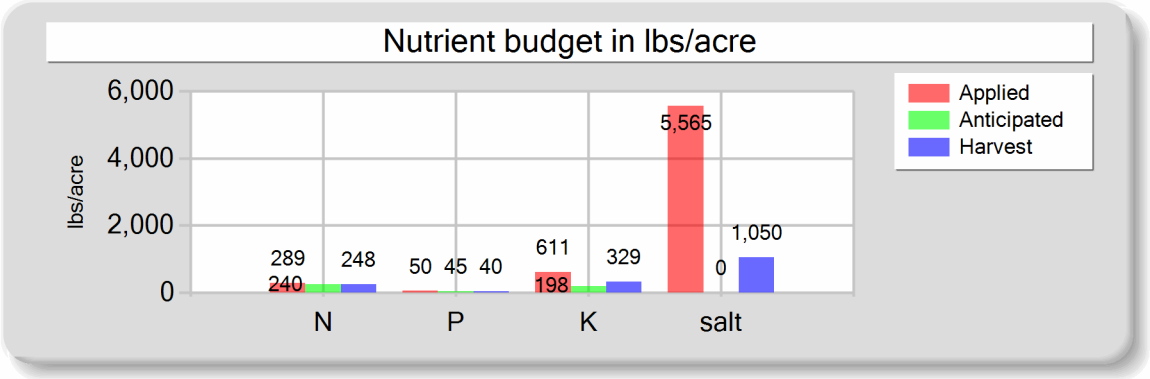


| | Total N (lbs/acre) | Total P (lbs/acre) | Total K (lbs/acre) | Total salt (lbs/acre) |
|---|---|---|---|---|
| Existing soil nutrient content | 0.00 | 0.00 | 0.00 | 0.00 |
| Plowdown credit | 0.00 | 0.00 | 0.00 | 0.00 |
| Commercial fertilizer / Other | 0.00 | 0.00 | 0.00 | 0.00 |
| Dry manure | 0.00 | 0.00 | 0.00 | 0.00 |
| Process wastewater | 282.03 | 49.53 | 611.04 | 3,809.63 |
| Fresh water | 0.00 | 0.00 | 0.00 | 1,755.01 |
| Atmospheric deposition | 7.00 | 0.00 | 0.00 | 0.00 |
| Total nutrients applied | 289.03 | 49.53 | 611.04 | 5,564.63 |
| Anticipated crop nutrient removal | 240.00 | 45.00 | 198.00 | 0.00 |
| Actual crop nutrient removal | 248.19 | 40.40 | 329.00 | 1,050.40 |
| Nutrient balance | 40.84 | 9.13 | 282.04 | 4,514.23 |
| Applied to removed ratio | 1.16 | 1.23 | 1.86 | 5.30 |

| Fresh water applied | |
|---|---|
| 39,126,815.00 | *gallons* |
| 1,440.91 | *acre-inches* |
| 36.02 | *inches/acre* |

| Process wastewater applied | |
|---|---|
| 3,960,000.00 | *gallons* |
| 145.83 | *acre-inches* |
| 3.65 | *inches/acre* |

| Total harvests for the crop | |
|---|---|
| 1 | *harvests* |

## Ferreira 40 - 10/24/2022: Oats, silage-soft dough

Field name: Ferreira 40 Crop: Oats, silage-soft dough Plant date: 10/24/2022

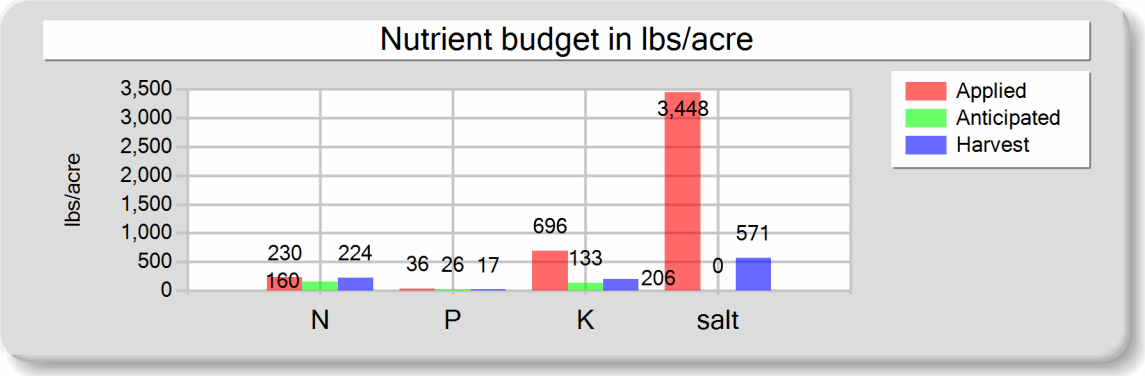


| | Total N (lbs/acre) | Total P (lbs/acre) | Total K (lbs/acre) | Total salt (lbs/acre) |
|---|---|---|---|---|
| Existing soil nutrient content | 0.00 | 0.00 | 0.00 | 0.00 |
| Plowdown credit | 0.00 | 0.00 | 0.00 | 0.00 |
| Commercial fertilizer / Other | 0.00 | 0.00 | 0.00 | 0.00 |
| Dry manure | 0.00 | 0.00 | 0.00 | 0.00 |
| Process wastewater | 223.06 | 36.37 | 696.22 | 2,920.08 |
| Fresh water | 0.00 | 0.00 | 0.00 | 528.10 |
| Atmospheric deposition | 7.00 | 0.00 | 0.00 | 0.00 |
| Total nutrients applied | 230.06 | 36.37 | 696.22 | 3,448.19 |
| Anticipated crop nutrient removal | 160.00 | 25.60 | 132.80 | 0.00 |
| Actual crop nutrient removal | 223.75 | 17.40 | 206.35 | 571.18 |
| Nutrient balance | 6.31 | 18.96 | 489.88 | 2,877.00 |
| Applied to removed ratio | 1.03 | 2.09 | 3.37 | 6.04 |

| Fresh water applied | |
|---|---|
| 11,773,720.00 | *gallons* |
| 433.59 | *acre-inches* |
| 10.84 | *inches/acre* |

| Process wastewater applied | |
|---|---|
| 3,240,000.00 | *gallons* |
| 119.32 | *acre-inches* |
| 2.98 | *inches/acre* |

| Total harvests for the crop | |
|---|---|
| 1 | *harvests* |

## Ferreira 40 - 05/18/2023: Corn, silage

Field name: Ferreira 40 Crop: Corn, silage Plant date: 05/18/2023

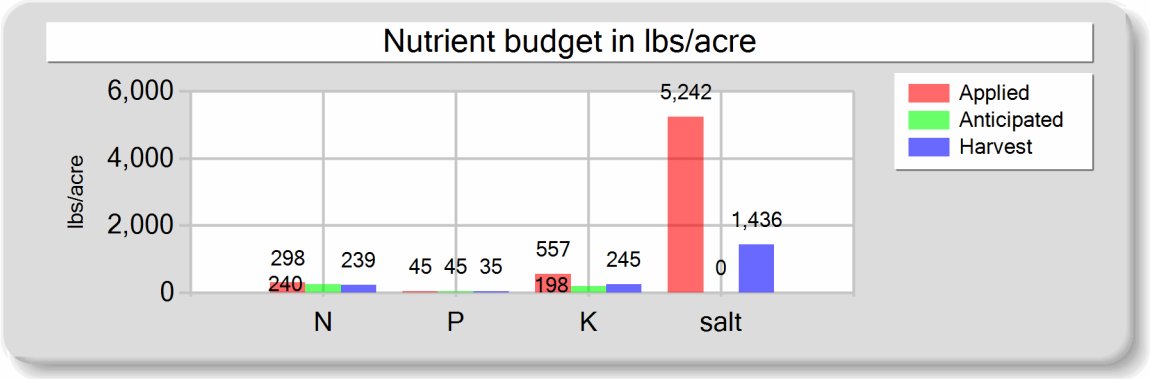


| | Total N (lbs/acre) | Total P (lbs/acre) | Total K (lbs/acre) | Total salt (lbs/acre) |
|---|---|---|---|---|
| Existing soil nutrient content | 0.00 | 0.00 | 0.00 | 0.00 |
| Plowdown credit | 0.00 | 0.00 | 0.00 | 0.00 |
| Commercial fertilizer / Other | 0.00 | 0.00 | 0.00 | 0.00 |
| Dry manure | 0.00 | 0.00 | 0.00 | 0.00 |
| Process wastewater | 291.17 | 44.63 | 556.58 | 3,577.25 |
| Fresh water | 0.00 | 0.00 | 0.00 | 1,664.62 |
| Atmospheric deposition | 7.00 | 0.00 | 0.00 | 0.00 |
| Total nutrients applied | 298.17 | 44.63 | 556.58 | 5,241.87 |
| Anticipated crop nutrient removal | 240.00 | 45.00 | 198.00 | 0.00 |
| Actual crop nutrient removal | 238.89 | 34.96 | 244.72 | 1,436.27 |
| Nutrient balance | 59.27 | 9.67 | 311.87 | 3,805.60 |
| Applied to removed ratio | 1.25 | 1.28 | 2.27 | 3.65 |

| Fresh water applied | |
|---|---|
| 37,111,672.00 | *gallons* |
| 1,366.70 | *acre-inches* |
| 34.17 | *inches/acre* |

| Process wastewater applied | |
|---|---|
| 3,582,000.00 | *gallons* |
| 131.91 | *acre-inches* |
| 3.30 | *inches/acre* |

| Total harvests for the crop | |
|---|---|
| 1 | *harvests* |

## Ferreira 50 - 10/25/2022: Oats, silage-soft dough

Field name: Ferreira 50 Crop: Oats, silage-soft dough Plant date: 10/25/2022

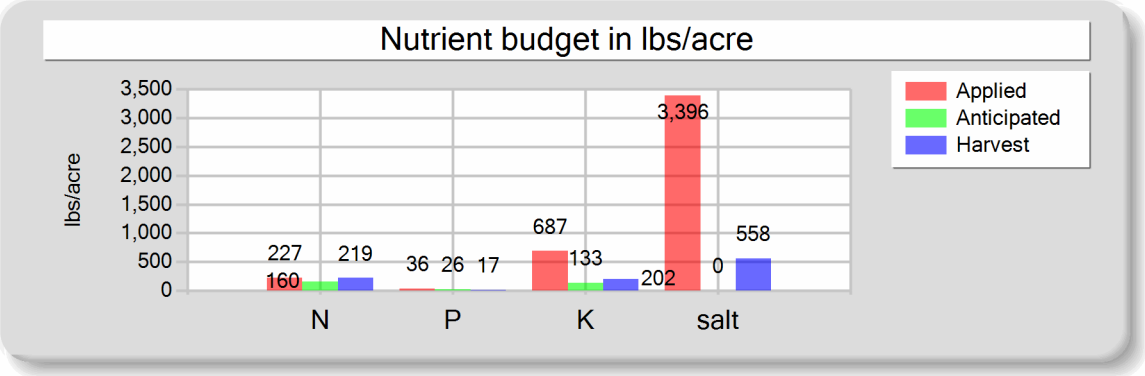


| | Total N (lbs/acre) | Total P (lbs/acre) | Total K (lbs/acre) | Total salt (lbs/acre) |
|---|---|---|---|---|
| Existing soil nutrient content | 0.00 | 0.00 | 0.00 | 0.00 |
| Plowdown credit | 0.00 | 0.00 | 0.00 | 0.00 |
| Commercial fertilizer / Other | 0.00 | 0.00 | 0.00 | 0.00 |
| Dry manure | 0.00 | 0.00 | 0.00 | 0.00 |
| Process wastewater | 220.09 | 35.88 | 686.94 | 2,881.15 |
| Fresh water | 0.00 | 0.00 | 0.00 | 514.81 |
| Atmospheric deposition | 7.00 | 0.00 | 0.00 | 0.00 |
| Total nutrients applied | 227.09 | 35.88 | 686.94 | 3,395.96 |
| Anticipated crop nutrient removal | 160.00 | 25.60 | 132.80 | 0.00 |
| Actual crop nutrient removal | 218.61 | 17.00 | 201.60 | 558.05 |
| Nutrient balance | 8.48 | 18.88 | 485.34 | 2,837.90 |
| Applied to removed ratio | 1.04 | 2.11 | 3.41 | 6.09 |

| Fresh water applied | |
|---|---|
| 14,346,650.00 | *gallons* |
| 528.34 | *acre-inches* |
| 10.57 | *inches/acre* |

| Process wastewater applied | |
|---|---|
| 3,996,000.00 | *gallons* |
| 147.16 | *acre-inches* |
| 2.94 | *inches/acre* |

| Total harvests for the crop | |
|---|---|
| 1 | *harvests* |

## Ferreira 50 - 06/05/2023: Corn, silage

Field name: Ferreira 50 Crop: Corn, silage Plant date: 06/05/2023

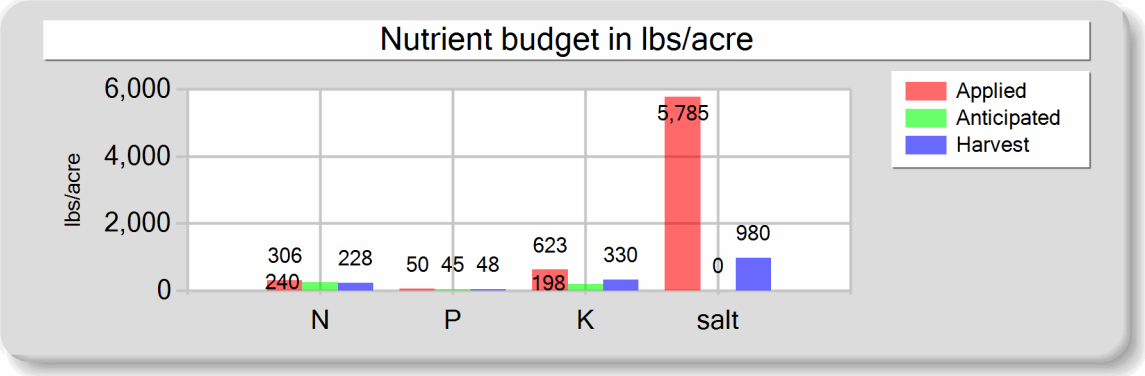


| | Total N (lbs/acre) | Total P (lbs/acre) | Total K (lbs/acre) | Total salt (lbs/acre) |
|---|---|---|---|---|
| Existing soil nutrient content | 0.00 | 0.00 | 0.00 | 0.00 |
| Plowdown credit | 0.00 | 0.00 | 0.00 | 0.00 |
| Commercial fertilizer / Other | 0.00 | 0.00 | 0.00 | 0.00 |
| Dry manure | 0.00 | 0.00 | 0.00 | 0.00 |
| Process wastewater | 298.88 | 50.38 | 623.41 | 3,921.56 |
| Fresh water | 0.00 | 0.00 | 0.00 | 1,863.31 |
| Atmospheric deposition | 7.00 | 0.00 | 0.00 | 0.00 |
| Total nutrients applied | 305.88 | 50.38 | 623.41 | 5,784.87 |
| Anticipated crop nutrient removal | 240.00 | 45.00 | 198.00 | 0.00 |
| Actual crop nutrient removal | 227.96 | 47.99 | 329.94 | 979.77 |
| Nutrient balance | 77.93 | 2.39 | 293.47 | 4,805.10 |
| Applied to removed ratio | 1.34 | 1.05 | 1.89 | 5.90 |

| Fresh water applied | |
|---|---|
| 51,926,565.00 | *gallons* |
| 1,912.28 | *acre-inches* |
| 38.25 | *inches/acre* |

| Process wastewater applied | |
|---|---|
| 5,040,000.00 | *gallons* |
| 185.61 | *acre-inches* |
| 3.71 | *inches/acre* |

| Total harvests for the crop | |
|---|---|
| 1 | *harvests* |

## Jones - 10/25/2022: Oats, silage-soft dough

Field name: Jones | Crop: Oats, silage-soft dough | Plant date: 10/25/2022

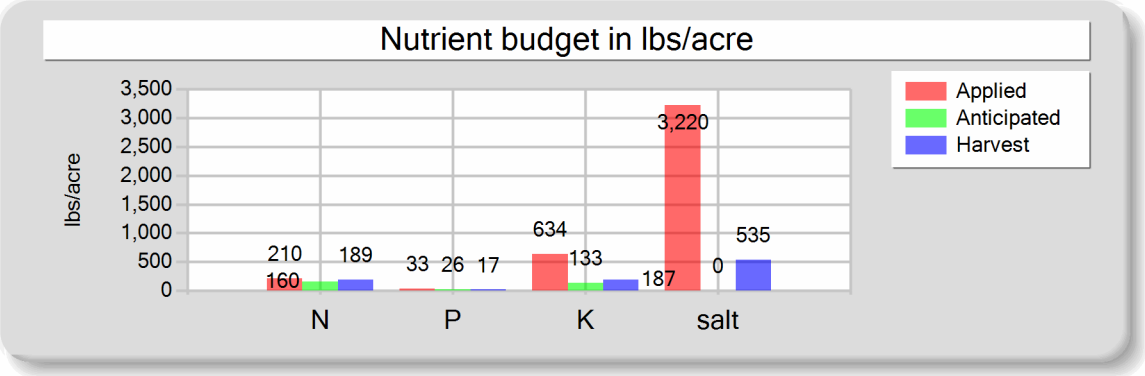


| | Total N (lbs/acre) | Total P (lbs/acre) | Total K (lbs/acre) | Total salt (lbs/acre) |
|---|---|---|---|---|
| Existing soil nutrient content | 0.00 | 0.00 | 0.00 | 0.00 |
| Plowdown credit | 0.00 | 0.00 | 0.00 | 0.00 |
| Commercial fertilizer / Other | 0.00 | 0.00 | 0.00 | 0.00 |
| Dry manure | 0.00 | 0.00 | 0.00 | 0.00 |
| Process wastewater | 203.23 | 33.13 | 634.34 | 2,660.52 |
| Fresh water | 0.00 | 0.00 | 0.00 | 559.92 |
| Atmospheric deposition | 7.00 | 0.00 | 0.00 | 0.00 |
| Total nutrients applied | 210.23 | 33.13 | 634.34 | 3,220.43 |
| Anticipated crop nutrient removal | 160.00 | 25.60 | 132.80 | 0.00 |
| Actual crop nutrient removal | 188.69 | 17.35 | 186.52 | 534.83 |
| Nutrient balance | 21.55 | 15.78 | 447.82 | 2,685.61 |
| Applied to removed ratio | 1.11 | 1.91 | 3.40 | 6.02 |

| Fresh water applied | |
|---|---|
| 6,241,480.00 | *gallons* |
| 229.85 | *acre-inches* |
| 11.49 | *inches/acre* |

| Process wastewater applied | |
|---|---|
| 1,476,000.00 | *gallons* |
| 54.36 | *acre-inches* |
| 2.72 | *inches/acre* |

| Total harvests for the crop | |
|---|---|
| 1 | *harvests* |

## Jones - 05/18/2023: Corn, silage

Field name: Jones | Crop: Corn, silage | Plant date: 05/18/2023

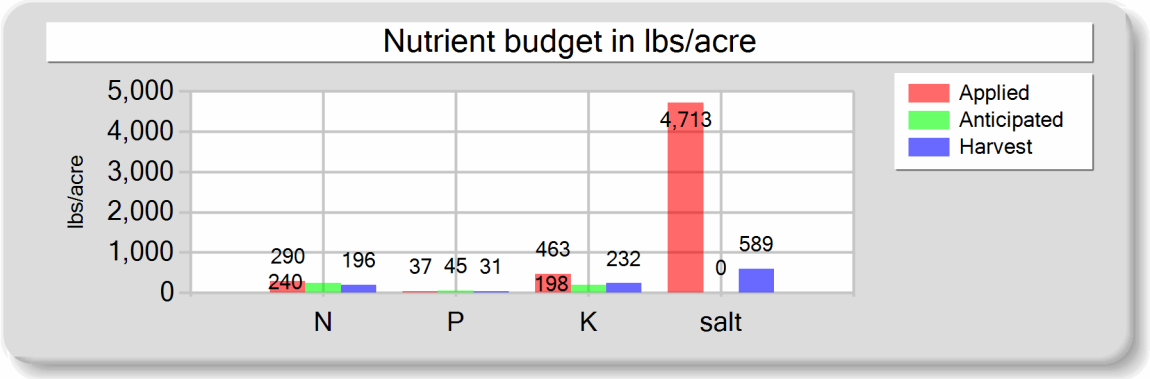


| | Total N (lbs/acre) | Total P (lbs/acre) | Total K (lbs/acre) | Total salt (lbs/acre) |
|---|---|---|---|---|
| Existing soil nutrient content | 0.00 | 0.00 | 0.00 | 0.00 |
| Plowdown credit | 0.00 | 0.00 | 0.00 | 0.00 |
| Commercial fertilizer / Other | 0.00 | 0.00 | 0.00 | 0.00 |
| Dry manure | 0.00 | 0.00 | 0.00 | 0.00 |
| Process wastewater | 282.51 | 36.57 | 463.26 | 3,103.04 |
| Fresh water | 0.00 | 0.00 | 0.00 | 1,609.88 |
| Atmospheric deposition | 7.00 | 0.00 | 0.00 | 0.00 |
| Total nutrients applied | 289.51 | 36.57 | 463.26 | 4,712.92 |
| Anticipated crop nutrient removal | 240.00 | 45.00 | 198.00 | 0.00 |
| Actual crop nutrient removal | 196.06 | 30.96 | 232.18 | 589.02 |
| Nutrient balance | 93.45 | 5.62 | 231.09 | 4,123.90 |
| Applied to removed ratio | 1.48 | 1.18 | 2.00 | 8.00 |

| Fresh water applied | |
|---|---|
| 17,945,637.00 | *gallons* |
| 660.88 | *acre-inches* |
| 33.04 | *inches/acre* |

| Process wastewater applied | |
|---|---|
| 1,476,000.00 | *gallons* |
| 54.36 | *acre-inches* |
| 2.72 | *inches/acre* |

| Total harvests for the crop | |
|---|---|
| 1 | *harvests* |

## Kindberg 35 - 11/06/2022: Oats, silage-soft dough

Field name: Kindberg 35 Crop: Oats, silage-soft dough Plant date: 11/06/2022

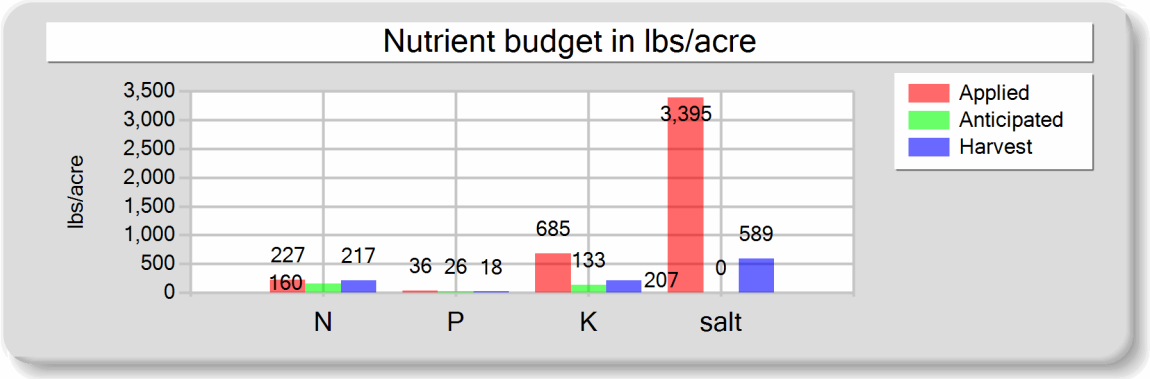


| | Total N (lbs/acre) | Total P (lbs/acre) | Total K (lbs/acre) | Total salt (lbs/acre) |
|---|---|---|---|---|
| Existing soil nutrient content | 0.00 | 0.00 | 0.00 | 0.00 |
| Plowdown credit | 0.00 | 0.00 | 0.00 | 0.00 |
| Commercial fertilizer / Other | 0.00 | 0.00 | 0.00 | 0.00 |
| Dry manure | 0.00 | 0.00 | 0.00 | 0.00 |
| Process wastewater | 219.52 | 35.79 | 685.17 | 2,873.73 |
| Fresh water | 0.00 | 0.00 | 0.00 | 521.16 |
| Atmospheric deposition | 7.00 | 0.00 | 0.00 | 0.00 |
| Total nutrients applied | 226.52 | 35.79 | 685.17 | 3,394.90 |
| Anticipated crop nutrient removal | 160.00 | 25.60 | 132.80 | 0.00 |
| Actual crop nutrient removal | 217.45 | 17.70 | 207.33 | 588.62 |
| Nutrient balance | 9.07 | 18.09 | 477.84 | 2,806.27 |
| Applied to removed ratio | 1.04 | 2.02 | 3.30 | 5.77 |

| Fresh water applied | |
|---|---|
| 10,166,660.00 | *gallons* |
| 374.40 | *acre-inches* |
| 10.70 | *inches/acre* |

| Process wastewater applied | |
|---|---|
| 2,790,000.00 | *gallons* |
| 102.75 | *acre-inches* |
| 2.94 | *inches/acre* |

| Total harvests for the crop | |
|---|---|
| 1 | *harvests* |

## Kindberg 35 - 06/05/2023: Corn, silage

Field name: Kindberg 35 Crop: Corn, silage Plant date: 06/05/2023

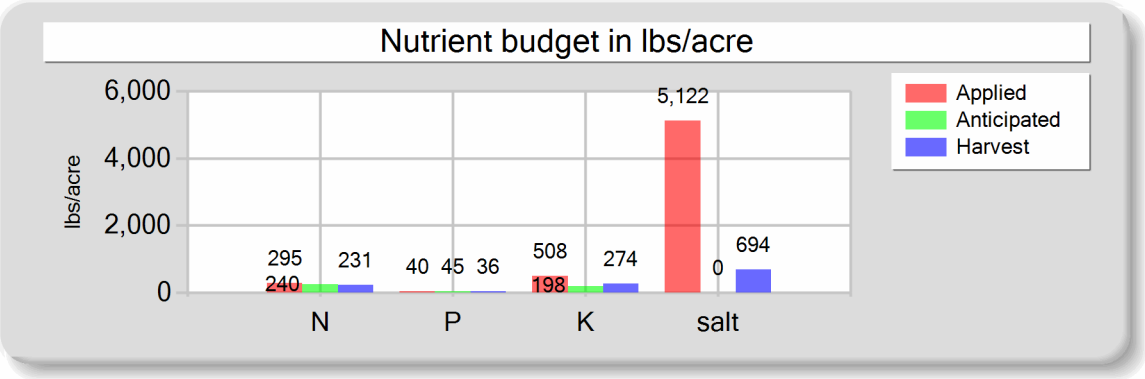


| | Total N (lbs/acre) | Total P (lbs/acre) | Total K (lbs/acre) | Total salt (lbs/acre) |
|---|---|---|---|---|
| Existing soil nutrient content | 0.00 | 0.00 | 0.00 | 0.00 |
| Plowdown credit | 0.00 | 0.00 | 0.00 | 0.00 |
| Commercial fertilizer / Other | 0.00 | 0.00 | 0.00 | 0.00 |
| Dry manure | 0.00 | 0.00 | 0.00 | 0.00 |
| Process wastewater | 287.85 | 40.38 | 507.58 | 3,332.09 |
| Fresh water | 0.00 | 0.00 | 0.00 | 1,790.26 |
| Atmospheric deposition | 7.00 | 0.00 | 0.00 | 0.00 |
| Total nutrients applied | 294.85 | 40.38 | 507.58 | 5,122.34 |
| Anticipated crop nutrient removal | 240.00 | 45.00 | 198.00 | 0.00 |
| Actual crop nutrient removal | 231.02 | 36.48 | 273.58 | 694.06 |
| Nutrient balance | 63.83 | 3.90 | 234.00 | 4,428.29 |
| Applied to removed ratio | 1.28 | 1.11 | 1.86 | 7.38 |

| Fresh water applied | |
|---|---|
| 34,923,576.00 | *gallons* |
| 1,286.12 | *acre-inches* |
| 36.75 | *inches/acre* |

| Process wastewater applied | |
|---|---|
| 2,844,000.00 | *gallons* |
| 104.73 | *acre-inches* |
| 2.99 | *inches/acre* |

| Total harvests for the crop | |
|---|---|
| 1 | *harvests* |

## Nyman - 10/25/2022: Oats, silage-soft dough

Field name: Nyman | Crop: Oats, silage-soft dough | Plant date: 10/25/2022

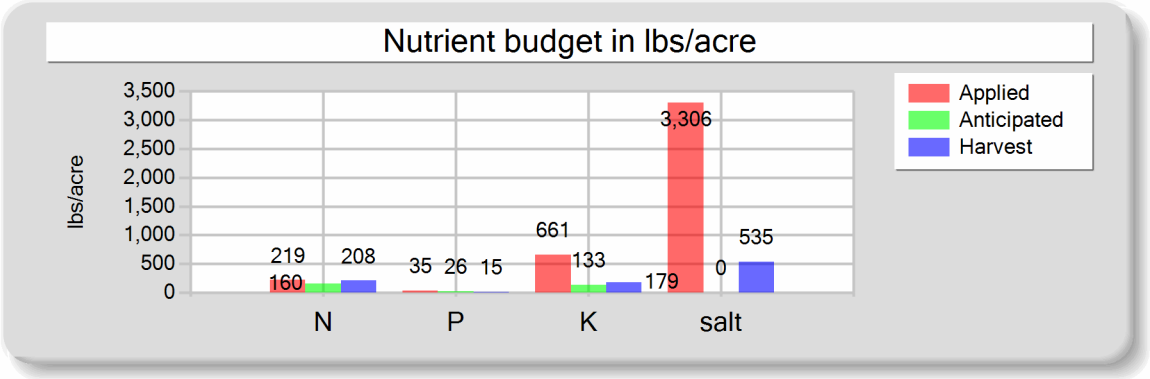


| | Total N (lbs/acre) | Total P (lbs/acre) | Total K (lbs/acre) | Total salt (lbs/acre) |
|---|---|---|---|---|
| Existing soil nutrient content | 0.00 | 0.00 | 0.00 | 0.00 |
| Plowdown credit | 0.00 | 0.00 | 0.00 | 0.00 |
| Commercial fertilizer / Other | 0.00 | 0.00 | 0.00 | 0.00 |
| Dry manure | 0.00 | 0.00 | 0.00 | 0.00 |
| Process wastewater | 211.91 | 34.55 | 661.41 | 2,774.08 |
| Fresh water | 0.00 | 0.00 | 0.00 | 532.39 |
| Atmospheric deposition | 7.00 | 0.00 | 0.00 | 0.00 |
| Total nutrients applied | 218.91 | 34.55 | 661.41 | 3,306.46 |
| Anticipated crop nutrient removal | 160.00 | 25.60 | 132.80 | 0.00 |
| Actual crop nutrient removal | 207.50 | 14.96 | 179.46 | 535.02 |
| Nutrient balance | 11.41 | 19.59 | 481.95 | 2,771.44 |
| Applied to removed ratio | 1.05 | 2.31 | 3.69 | 6.18 |

| Fresh water applied | |
|---|---|
| 11,869,200.00 | *gallons* |
| 437.10 | *acre-inches* |
| 10.93 | *inches/acre* |

| Process wastewater applied | |
|---|---|
| 3,078,000.00 | *gallons* |
| 113.35 | *acre-inches* |
| 2.83 | *inches/acre* |

| Total harvests for the crop | |
|---|---|
| 1 | *harvests* |

## Nyman - 05/19/2023: Corn, silage

Field name: Nyman | Crop: Corn, silage | Plant date: 05/19/2023

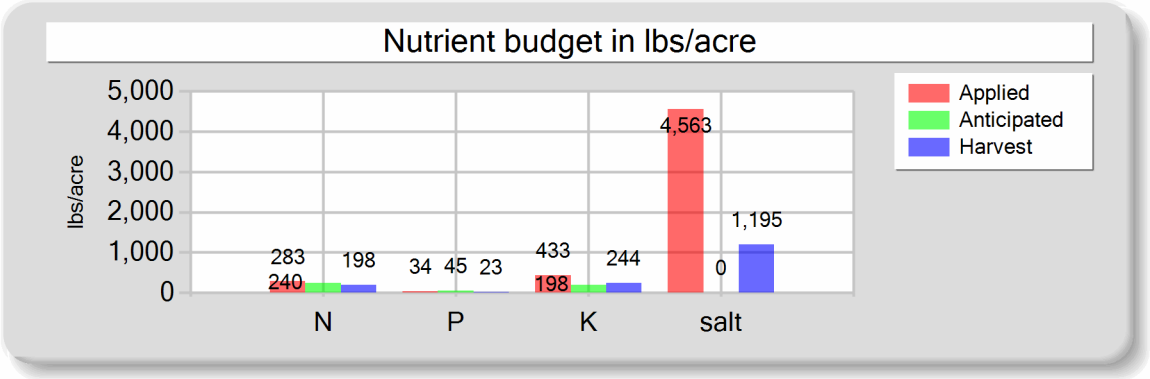


| | Total N (lbs/acre) | Total P (lbs/acre) | Total K (lbs/acre) | Total salt (lbs/acre) |
|---|---|---|---|---|
| Existing soil nutrient content | 0.00 | 0.00 | 0.00 | 0.00 |
| Plowdown credit | 0.00 | 0.00 | 0.00 | 0.00 |
| Commercial fertilizer / Other | 0.00 | 0.00 | 0.00 | 0.00 |
| Dry manure | 0.00 | 0.00 | 0.00 | 0.00 |
| Process wastewater | 275.58 | 34.06 | 433.48 | 2,938.63 |
| Fresh water | 0.00 | 0.00 | 0.00 | 1,624.29 |
| Atmospheric deposition | 7.00 | 0.00 | 0.00 | 0.00 |
| Total nutrients applied | 282.58 | 34.06 | 433.48 | 4,562.92 |
| Anticipated crop nutrient removal | 240.00 | 45.00 | 198.00 | 0.00 |
| Actual crop nutrient removal | 197.78 | 23.27 | 244.32 | 1,195.41 |
| Nutrient balance | 84.79 | 10.79 | 189.16 | 3,367.51 |
| Applied to removed ratio | 1.43 | 1.46 | 1.77 | 3.82 |

| Fresh water applied | |
|---|---|
| 36,212,454.00 | *gallons* |
| 1,333.58 | *acre-inches* |
| 33.34 | *inches/acre* |

| Process wastewater applied | |
|---|---|
| 2,754,000.00 | *gallons* |
| 101.42 | *acre-inches* |
| 2.54 | *inches/acre* |

| Total harvests for the crop | |
|---|---|
| 1 | *harvests* |

NUTRIENT ANALYSES

## A. MANURE ANALYSES

### Spring Corral Solids

Sample and source description: Spring Corral Solids

Sample date: 05/03/2023 Material type: Corral solids Source of analysis: Lab analysis Method of reporting: Dry-weight

Moisture: 44.4 %

| | Total N (mg/kg) | Total P (mg/kg) | Total K (mg/kg) | Calcium (mg/kg) | Magnesium (mg/kg) | Sodium (mg/kg) | Sulfur (mg/kg) | Chloride (mg/kg) | Total salt (mg/kg) | TFS (%) |
|---|---|---|---|---|---|---|---|---|---|---|
| **Value** | 11,100.00 | 3,100.00 | 6,200.00 | | | | | | | 59.20 |
| **DL** | 100.00 | 100.00 | 100.00 | | | | | | | 0.01 |

### Spring Separated Solids

Sample and source description: Spring Separated Solids

Sample date: 05/03/2023 Material type: Separator solids Source of analysis: Lab analysis Method of reporting: Dry-weight

Moisture: 53.2 %

| | Total N (mg/kg) | Total P (mg/kg) | Total K (mg/kg) | Calcium (mg/kg) | Magnesium (mg/kg) | Sodium (mg/kg) | Sulfur (mg/kg) | Chloride (mg/kg) | Total salt (mg/kg) | TFS (%) |
|---|---|---|---|---|---|---|---|---|---|---|
| **Value** | 7,400.00 | 2,100.00 | 3,400.00 | | | | | | | 68.60 |
| **DL** | 100.00 | 100.00 | 100.00 | | | | | | | 0.01 |

### Fall Corral Solids

Sample and source description: Fall Corral Solids

Sample date: 10/23/2023 Material type: Corral solids Source of analysis: Lab analysis Method of reporting: Dry-weight

Moisture: 40.9 %

| | Total N (mg/kg) | Total P (mg/kg) | Total K (mg/kg) | Calcium (mg/kg) | Magnesium (mg/kg) | Sodium (mg/kg) | Sulfur (mg/kg) | Chloride (mg/kg) | Total salt (mg/kg) | TFS (%) |
|---|---|---|---|---|---|---|---|---|---|---|
| **Value** | 7,800.00 | 1,300.00 | 2,300.00 | | | | | | | 82.20 |
| **DL** | 100.00 | 100.00 | 100.00 | | | | | | | 0.01 |

Fall Separated Solids

Sample and source description: Fall Separated Solids

Sample date: 10/23/2023 Material type: Separator solids Source of analysis: Lab analysis Method of reporting: Dry-weight

Moisture: 74.4 %

| | Total N (mg/kg) | Total P (mg/kg) | Total K (mg/kg) | Calcium (mg/kg) | Magnesium (mg/kg) | Sodium (mg/kg) | Sulfur (mg/kg) | Chloride (mg/kg) | Total salt (mg/kg) | TFS (%) |
|---|---|---|---|---|---|---|---|---|---|---|
| **Value** | 16,500.00 | 1,900.00 | 4,600.00 | 8,200.00 | 2,700.00 | 1,800.00 | 2,300.00 | 574.00 | | 5.30 |
| **DL** | 100.00 | 100.00 | 100.00 | 100.00 | 100.00 | 100.00 | 100.00 | 100.00 | | 0.01 |

## B. PROCESS WASTEWATER ANALYSES

2022 WWSQ4

Sample and source description: 2022 WWSQ4

Sample date: 12/12/2022 Material type: Process wastewater Source of analysis: Lab analysis pH:

| | Kjeldahl-N (mg/L) | NH4-N (mg/L) | NH3-N (mg/L) | Nitrate-N (mg/L) | Total P (mg/L) | Total K (mg/L) | Calcium (mg/L) | Magnes. (mg/L) | Sodium (mg/L) | Bicarb. (mg/L) | Carb. (mg/L) | Sulfate (mg/L) | Chloride (mg/L) | EC (µmhos/cm) | TDS (mg/L) |
|---|---|---|---|---|---|---|---|---|---|---|---|---|---|---|---|
| **Value** | 330.00 | 120.00 | 0.00 | 0.00 | 53.80 | 1,030.00 | | | | | | | | 5,630.00 | 4,320 |
| **DL** | 0.50 | 0.50 | 0.50 | 0.50 | 0.50 | 0.50 | | | | | | | | 1.00 | 10 |

WWSQ1

Sample and source description: WWSQ1

Sample date: 03/22/2023 Material type: Process wastewater Source of analysis: Lab analysis pH:

| | Kjeldahl-N (mg/L) | NH4-N (mg/L) | NH3-N (mg/L) | Nitrate-N (mg/L) | Total P (mg/L) | Total K (mg/L) | Calcium (mg/L) | Magnes. (mg/L) | Sodium (mg/L) | Bicarb. (mg/L) | Carb. (mg/L) | Sulfate (mg/L) | Chloride (mg/L) | EC (µmhos/cm) | TDS (mg/L) |
|---|---|---|---|---|---|---|---|---|---|---|---|---|---|---|---|
| **Value** | 1,010.00 | 414.00 | 0.00 | 0.00 | 78.50 | 650.00 | | | | | | | | 6,310.00 | 5,240 |
| **DL** | 0.50 | 0.50 | 0.50 | 0.50 | 0.50 | 0.50 | | | | | | | | 1.00 | 10 |

WWSQ2

Sample and source description: WWSQ2

Sample date: 06/07/2023 Material type: Process wastewater Source of analysis: Lab analysis pH:

| | Kjeldahl-N (mg/L) | NH4-N (mg/L) | NH3-N (mg/L) | Nitrate-N (mg/L) | Total P (mg/L) | Total K (mg/L) | Calcium (mg/L) | Magnes. (mg/L) | Sodium (mg/L) | Bicarb. (mg/L) | Carb. (mg/L) | Sulfate (mg/L) | Chloride (mg/L) | EC (µmhos/cm) | TDS (mg/L) |
|---|---|---|---|---|---|---|---|---|---|---|---|---|---|---|---|
| **Value** | 1,360.00 | 518.00 | 0.00 | 0.00 | 55.00 | 849.00 | | | | | | | | 7,660.00 | 8,320 |
| **DL** | 0.50 | 0.50 | 0.50 | 0.50 | 0.50 | 0.50 | | | | | | | | 1.00 | 10 |

WWSQ3

Sample and source description: WWSQ3

Sample date: 09/19/2023 Material type: Process wastewater Source of analysis: Lab analysis pH:

| | Kjeldahl-N (mg/L) | NH4-N (mg/L) | NH3-N (mg/L) | Nitrate-N (mg/L) | Total P (mg/L) | Total K (mg/L) | Calcium (mg/L) | Magnes. (mg/L) | Sodium (mg/L) | Bicarb. (mg/L) | Carb. (mg/L) | Sulfate (mg/L) | Chloride (mg/L) | EC (µmhos/cm) | TDS (mg/L) |
|---|---|---|---|---|---|---|---|---|---|---|---|---|---|---|---|
| **Value** | 168.00 | 109.00 | 0.00 | 0.00 | 60.80 | 721.00 | 83.50 | 79.50 | 149.00 | 1,740.00 | 0.00 | 127.00 | 320.00 | 4,220.00 | 3,980 |
| **DL** | 0.50 | 0.50 | 0.50 | 0.50 | 0.50 | 0.50 | 0.50 | 0.50 | 0.50 | 0.50 | 0.50 | 0.50 | 0.50 | 1.00 | 10 |

WWSQ4

Sample and source description: WWSQ4

Sample date: 12/12/2023 Material type: Process wastewater Source of analysis: Lab analysis pH:

| | Kjeldahl-N (mg/L) | NH4-N (mg/L) | NH3-N (mg/L) | Nitrate-N (mg/L) | Total P (mg/L) | Total K (mg/L) | Calcium (mg/L) | Magnes. (mg/L) | Sodium (mg/L) | Bicarb. (mg/L) | Carb. (mg/L) | Sulfate (mg/L) | Chloride (mg/L) | EC (µmhos/cm) | TDS (mg/L) |
|---|---|---|---|---|---|---|---|---|---|---|---|---|---|---|---|
| **Value** | 647.00 | 454.00 | 0.00 | 0.00 | 35.00 | 594.00 | | | | | | | | 7,360.00 | 7,700 |
| **DL** | 0.50 | 0.50 | 0.50 | 0.50 | 0.50 | 0.50 | | | | | | | | 1.00 | 10 |

## C. FRESH WATER ANALYSES

Canal

Canal

T.I.D Canal

Sample description: T.I.D Canal

Sample date: 08/28/2023 Source of analysis: Lab analysis

| | Total N (mg/L) | NH4-N (mg/L) | Nitrate-N (mg/L) | Calcium (mg/L) | Magnesium (mg/L) | Sodium (mg/L) | Bicarbonate (mg/L) | Carbonate (mg/L) | Sulfate (mg/L) | Chloride (mg/L) | EC (µmhos/cm) | TDS (mg/L) |
|---|---|---|---|---|---|---|---|---|---|---|---|---|
| **Value** | 0.00 | 0.00 | 0.00 | | | | | | | | 0.00 | 215 |
| **DL** | 0.50 | 0.50 | 0.50 | | | | | | | | 1.00 | 10 |

## D. SOIL ANALYSES

*No soil analyses entered.*

## E. PLANT TISSUE ANALYSES

Belew - 10/24/2022: Oats, silage-soft dough

Winter Forage

Sample and source description: Winter Forage

Sample date: 04/27/2023 Source of analysis: Lab analysis Method of reporting: As-is

Moisture: 57.1 %

| | Total N (mg/kg) | Total P (mg/kg) | Total K (mg/kg) | Total salt (mg/kg) | TFS (%) |
|---|---|---|---|---|---|
| **Value** | 12,500.00 | 1,200.00 | 12,400.00 | | 8.22 |
| **DL** | 100.00 | 100.00 | 100.00 | | 0.01 |

Belew - 05/18/2023: Corn, silage

## Belew - 05/18/2023: Corn, silage

### Corn Silage

Sample and source description: Corn Silage

Sample date: 09/20/2023 Source of analysis: Lab analysis Method of reporting: As-is

Moisture: 75.0 %

| | Total N (mg/kg) | Total P (mg/kg) | Total K (mg/kg) | Total salt (mg/kg) | TFS (%) |
|---|---|---|---|---|---|
| **Value** | 3,100.00 | 500.00 | 4,700.00 | | 7.90 |
| **DL** | 100.00 | 100.00 | 100.00 | | 0.01 |

## Clover East - 10/25/2022: Oats, silage-soft dough

### Winter Forage

Sample and source description: Winter Forage

Sample date: 04/27/2023 Source of analysis: Lab analysis Method of reporting: As-is

Moisture: 61.2 %

| | Total N (mg/kg) | Total P (mg/kg) | Total K (mg/kg) | Total salt (mg/kg) | TFS (%) |
|---|---|---|---|---|---|
| **Value** | 17,000.00 | 1,300.00 | 14,300.00 | | 9.39 |
| **DL** | 100.00 | 100.00 | 100.00 | | 0.01 |

## Clover East - 06/05/2023: Corn, silage

### Corn Silage

Sample and source description: Corn Silage

Sample date: 09/26/2023 Source of analysis: Lab analysis Method of reporting: As-is

Moisture: 67.4 %

| | Total N (mg/kg) | Total P (mg/kg) | Total K (mg/kg) | Total salt (mg/kg) | TFS (%) |
|---|---|---|---|---|---|
| **Value** | 3,800.00 | 800.00 | 5,500.00 | | 5.01 |
| **DL** | 100.00 | 100.00 | 100.00 | | 0.01 |

## Clover West - 11/06/2022: Oats, silage-soft dough

### Winter Forage

Sample and source description: Winter Forage

Sample date: 04/27/2023 Source of analysis: Lab analysis Method of reporting: As-is

Moisture: 61.2 %

| | Total N (mg/kg) | Total P (mg/kg) | Total K (mg/kg) | Total salt (mg/kg) | TFS (%) |
|---|---|---|---|---|---|
| **Value** | 17,000.00 | 1,300.00 | 14,300.00 | | 9.39 |
| **DL** | 100.00 | 100.00 | 100.00 | | 0.01 |

## Clover West - 06/05/2023: Corn, silage

### Corn Silage

Sample and source description: Corn Silage

Sample date: 09/26/2023 Source of analysis: Lab analysis Method of reporting: As-is

Moisture: 66.6 %

| | Total N (mg/kg) | Total P (mg/kg) | Total K (mg/kg) | Total salt (mg/kg) | TFS (%) |
|---|---|---|---|---|---|
| **Value** | 3,900.00 | 800.00 | 5,400.00 | | 4.47 |
| **DL** | 100.00 | 100.00 | 100.00 | | 0.01 |

## Coehlo - 10/25/2022: Oats, silage-soft dough

### Winter Forage

Sample and source description: Winter Forage

Sample date: 04/27/2023 Source of analysis: Lab analysis Method of reporting: As-is

Moisture: 57.1 %

| | Total N (mg/kg) | Total P (mg/kg) | Total K (mg/kg) | Total salt (mg/kg) | TFS (%) |
|---|---|---|---|---|---|
| **Value** | 12,300.00 | 1,100.00 | 11,800.00 | | 7.76 |
| **DL** | 100.00 | 100.00 | 100.00 | | 0.01 |

## Coehlo - 05/18/2023: Corn, silage

### Corn Silage

Sample and source description: Corn Silage

Sample date: 09/20/2023 Source of analysis: Lab analysis Method of reporting: As-is

Moisture: 73.6 %

| | Total N (mg/kg) | Total P (mg/kg) | Total K (mg/kg) | Total salt (mg/kg) | TFS (%) |
|---|---|---|---|---|---|
| **Value** | 3,100.00 | 400.00 | 4,500.00 | | 7.70 |
| **DL** | 100.00 | 100.00 | 100.00 | | 0.01 |

## Coehlo S - 10/24/2022: Oats, silage-soft dough

### Winter Forage

Sample and source description: Winter Forage

Sample date: 04/27/2023 Source of analysis: Lab analysis Method of reporting: As-is

Moisture: 51.9 %

| | Total N (mg/kg) | Total P (mg/kg) | Total K (mg/kg) | Total salt (mg/kg) | TFS (%) |
|---|---|---|---|---|---|
| **Value** | 16,000.00 | 1,300.00 | 15,100.00 | | 8.74 |
| **DL** | 100.00 | 100.00 | 100.00 | | 0.01 |

## Coehlo S - 05/19/2023: Corn, silage

### Corn Silage

Sample and source description: Corn Silage

Sample date: 09/20/2023 Source of analysis: Lab analysis Method of reporting: As-is

Moisture: 74.6 %

| | Total N (mg/kg) | Total P (mg/kg) | Total K (mg/kg) | Total salt (mg/kg) | TFS (%) |
|---|---|---|---|---|---|
| **Value** | 3,200.00 | 500.00 | 4,400.00 | | 8.40 |
| **DL** | 100.00 | 100.00 | 100.00 | | 0.01 |

## Dias East/West - 10/25/2022: Oats, silage-soft dough

### Winter Forage

Sample and source description: Winter Forage

Sample date: 04/27/2023 Source of analysis: Lab analysis Method of reporting: As-is

Moisture: 55.9 %

| | Total N (mg/kg) | Total P (mg/kg) | Total K (mg/kg) | Total salt (mg/kg) | TFS (%) |
|---|---|---|---|---|---|
| **Value** | 17,000.00 | 1,200.00 | 12,800.00 | | 8.37 |
| **DL** | 100.00 | 100.00 | 100.00 | | 0.01 |

## Dias East/West - 06/05/2023: Corn, silage

### Corn Silage

Sample and source description: Corn Silage

Sample date: 09/26/2023 Source of analysis: Lab analysis Method of reporting: As-is

Moisture: 62.4 %

| | Total N (mg/kg) | Total P (mg/kg) | Total K (mg/kg) | Total salt (mg/kg) | TFS (%) |
|---|---|---|---|---|---|
| **Value** | 4,300.00 | 700.00 | 5,700.00 | | 4.84 |
| **DL** | 100.00 | 100.00 | 100.00 | | 0.01 |

## Ferreira 40 - 10/24/2022: Oats, silage-soft dough

### Winter Forage

Sample and source description: Winter Forage

Sample date: 04/27/2023 Source of analysis: Lab analysis Method of reporting: As-is

Moisture: 63.6 %

| | Total N (mg/kg) | Total P (mg/kg) | Total K (mg/kg) | Total salt (mg/kg) | TFS (%) |
|---|---|---|---|---|---|
| **Value** | 13,200.00 | 1,100.00 | 12,200.00 | | 9.19 |
| **DL** | 100.00 | 100.00 | 100.00 | | 0.01 |

## Ferreira 40 - 05/18/2023: Corn, silage

### Corn Silage

Sample and source description: Corn Silage

Sample date: 09/20/2023 Source of analysis: Lab analysis Method of reporting: As-is

Moisture: 71.0 %

| | Total N (mg/kg) | Total P (mg/kg) | Total K (mg/kg) | Total salt (mg/kg) | TFS (%) |
|---|---|---|---|---|---|
| **Value** | 4,100.00 | 600.00 | 4,200.00 | | 8.50 |
| **DL** | 100.00 | 100.00 | 100.00 | | 0.01 |

## Ferreira 50 - 10/25/2022: Oats, silage-soft dough

### Winter Forage

Sample and source description: Winter Forage

Sample date: 04/27/2023 Source of analysis: Lab analysis Method of reporting: As-is

Moisture: 62.4 %

| | Total N (mg/kg) | Total P (mg/kg) | Total K (mg/kg) | Total salt (mg/kg) | TFS (%) |
|---|---|---|---|---|---|
| **Value** | 14,900.00 | 1,200.00 | 13,300.00 | | 9.23 |
| **DL** | 100.00 | 100.00 | 100.00 | | 0.01 |

## Ferreira 50 - 06/05/2023: Corn, silage

### Corn Silage

Sample and source description: Corn Silage

Sample date: 09/26/2023 Source of analysis: Lab analysis Method of reporting: As-is

Moisture: 69.0 %

| | Total N (mg/kg) | Total P (mg/kg) | Total K (mg/kg) | Total salt (mg/kg) | TFS (%) |
|---|---|---|---|---|---|
| **Value** | 4,000.00 | 700.00 | 5,800.00 | | 4.83 |
| **DL** | 100.00 | 100.00 | 100.00 | | 0.01 |

## Jones - 10/25/2022: Oats, silage-soft dough

### Winter Forage

Sample and source description: Winter Forage

Sample date: 04/27/2023 Source of analysis: Lab analysis Method of reporting: As-is

Moisture: 57.1 %

| | Total N (mg/kg) | Total P (mg/kg) | Total K (mg/kg) | Total salt (mg/kg) | TFS (%) |
|---|---|---|---|---|---|
| **Value** | 12,500.00 | 1,200.00 | 12,400.00 | | 8.22 |
| **DL** | 100.00 | 100.00 | 100.00 | | 0.01 |

## Jones - 05/18/2023: Corn, silage

### Corn Silage

Sample and source description: Corn Silage

Sample date: 09/20/2023 Source of analysis: Lab analysis Method of reporting: As-is

Moisture: 75.0 %

| | Total N (mg/kg) | Total P (mg/kg) | Total K (mg/kg) | Total salt (mg/kg) | TFS (%) |
|---|---|---|---|---|---|
| **Value** | 3,100.00 | 500.00 | 4,700.00 | | 7.90 |
| **DL** | 100.00 | 100.00 | 100.00 | | 0.01 |

## Kindberg 35 - 06/05/2023: Corn, silage

### Corn Silage

Sample and source description: Corn Silage

Sample date: 09/26/2023 Source of analysis: Lab analysis Method of reporting: As-is

Moisture: 68.2 %

| | Total N (mg/kg) | Total P (mg/kg) | Total K (mg/kg) | Total salt (mg/kg) | TFS (%) |
|---|---|---|---|---|---|
| **Value** | 3,800.00 | 600.00 | 4,500.00 | | 3.59 |
| **DL** | 100.00 | 100.00 | 100.00 | | 0.01 |

Nyman - 10/25/2022: Oats, silage-soft dough

Winter Forage

Sample and source description: Winter Forage

Sample date: 04/27/2023 Source of analysis: Lab analysis Method of reporting: As-is

Moisture: 61.9 %

| | Total N (mg/kg) | Total P (mg/kg) | Total K (mg/kg) | Total salt (mg/kg) | TFS (%) |
|---|---|---|---|---|---|
| **Value** | 14,100.00 | 1,100.00 | 12,300.00 | | 9.54 |
| **DL** | 100.00 | 100.00 | 100.00 | | 0.01 |

Nyman - 05/19/2023: Corn, silage

Corn Silage

Sample and source description: Corn Silage

Sample date: 09/20/2023 Source of analysis: Lab analysis Method of reporting: As-is

Moisture: 72.6 %

| | Total N (mg/kg) | Total P (mg/kg) | Total K (mg/kg) | Total salt (mg/kg) | TFS (%) |
|---|---|---|---|---|---|
| **Value** | 3,400.00 | 400.00 | 4,200.00 | | 7.50 |
| **DL** | 100.00 | 100.00 | 100.00 | | 0.01 |

## F. SUBSURFACE (TILE) DRAINAGE ANALYSES

Tile Drain

Tile Drain

Sample description: Tile Drain

Sample date: 12/08/2023 Source of analysis: Lab analysis

| | NH4-N (mg/L) | Nitrate-N (mg/L) | Total P (mg/L) | EC (µmhos/cm) | TDS (mg/L) |
|---|---|---|---|---|---|
| **Value** | 1.12 | 80.60 | 5.14 | 2,130.00 | 1,250 |
| **DL** | 0.50 | 0.50 | 0.50 | 1.00 | 10 |

NUTRIENT APPLICATIONS, POTENTIAL REMOVAL, AND BALANCE

## A. SUMMARY OF NUTRIENT APPLICATIONS, POTENTIAL REMOVAL, AND BALANCE

| | Total N (lbs) | Total P (lbs) | Total K (lbs) | Total salt (lbs) |
|---|---|---|---|---|
| Existing soil nutrient content | 0.00 | 0.00 | 0.00 | 0.00 |
| Plowdown credit | 0.00 | 0.00 | 0.00 | 0.00 |
| Commercial fertilizer / Other | 0.00 | 0.00 | 0.00 | 0.00 |
| Dry manure | 0.00 | 0.00 | 0.00 | 0.00 |
| Process wastewater | 204,263.97 | 32,551.59 | 501,116.03 | 2,601,363.82 |
| Fresh water | 0.00 | 0.00 | 0.00 | 910,223.15 |
| Atmospheric deposition | 5,670.00 | 0.00 | 0.00 | 0.00 |
| Total nutrients applied | 209,933.97 | 32,551.59 | 501,116.03 | 3,511,586.97 |
| Anticipated crop nutrient removal | 162,000.00 | 28,593.00 | 133,974.00 | 0.00 |
| Actual crop nutrient removal | 171,225.14 | 21,132.47 | 188,450.63 | 647,059.81 |
| Nutrient balance | 38,708.83 | 11,419.11 | 312,665.40 | 2,864,527.16 |
| Applied to removed ratio | 1.23 | 1.54 | 2.66 | 5.43 |

## B. POUNDS OF NUTRIENT APPLIED VS. CROP REMOVAL

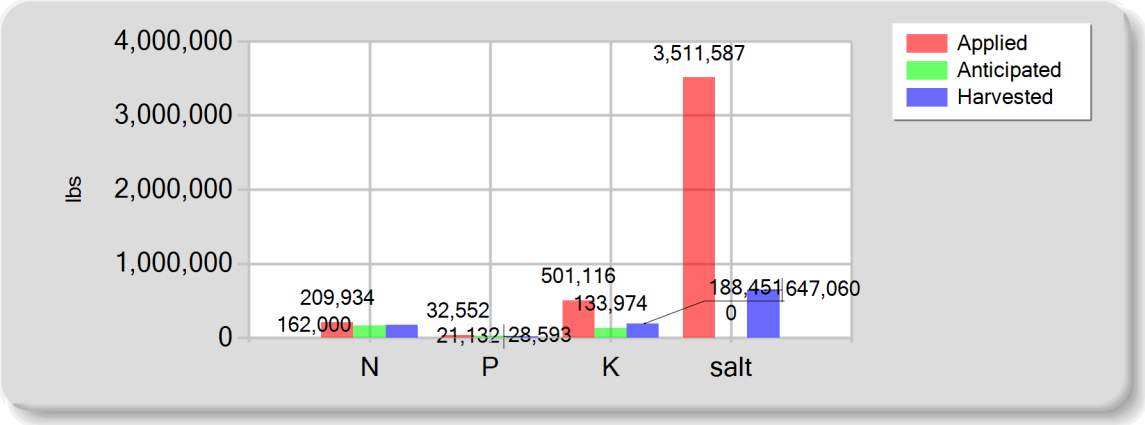

**C. POUNDS OF NUTRIENT APPLIED BY MATERIAL TYPE**

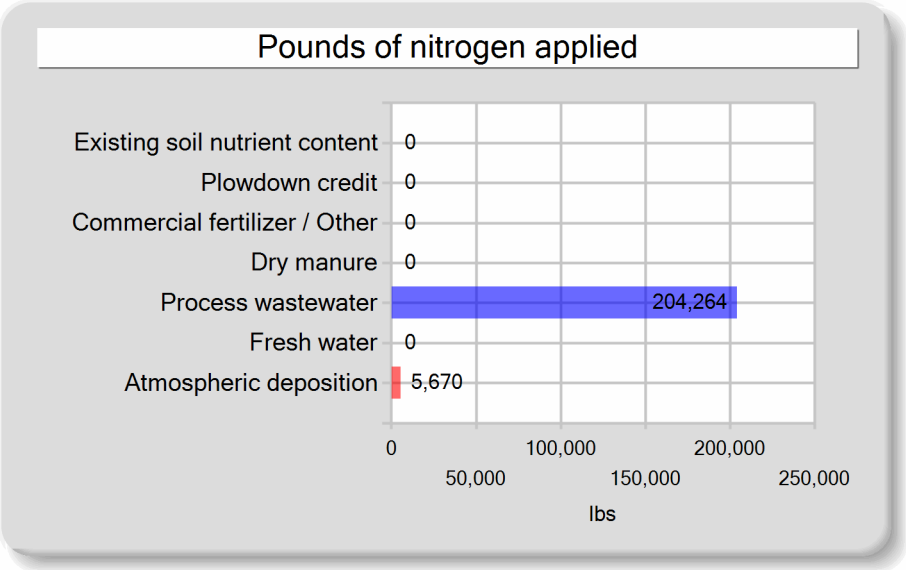


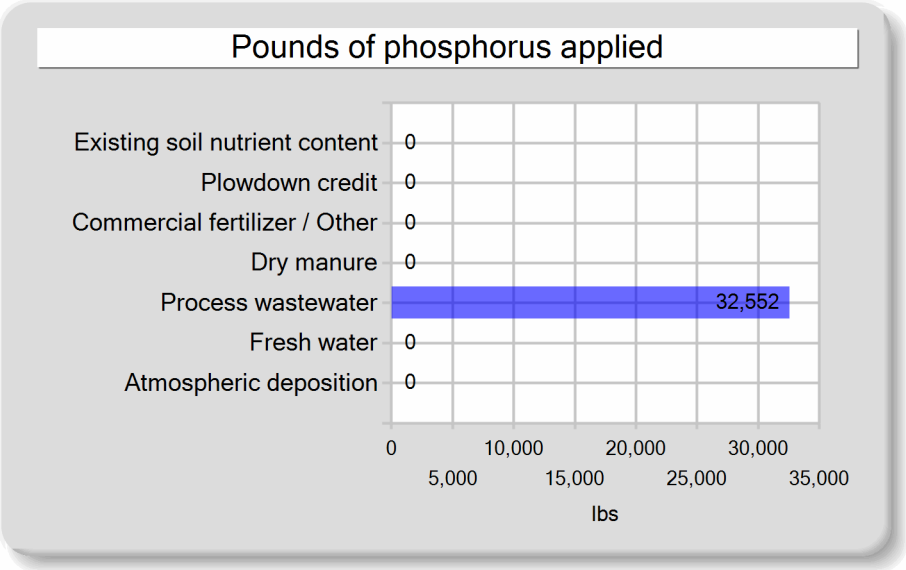


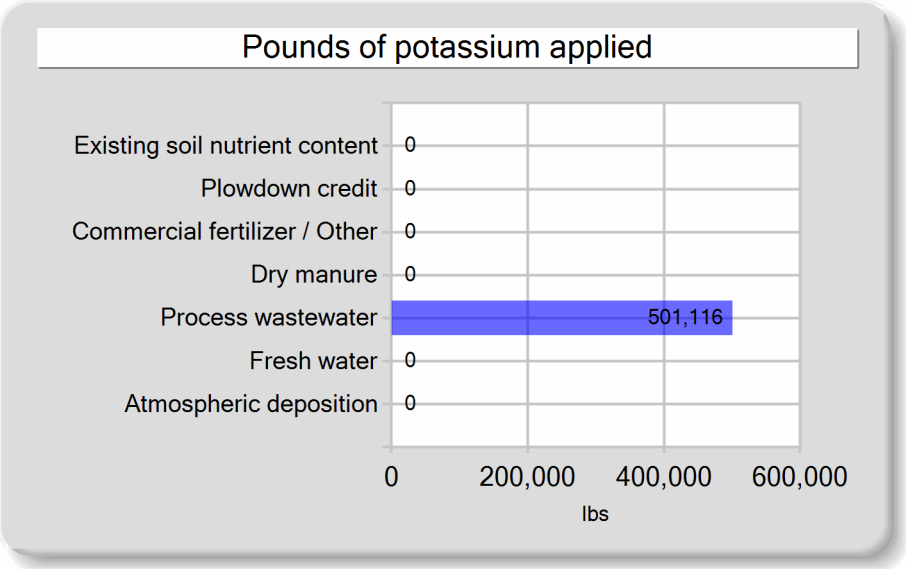


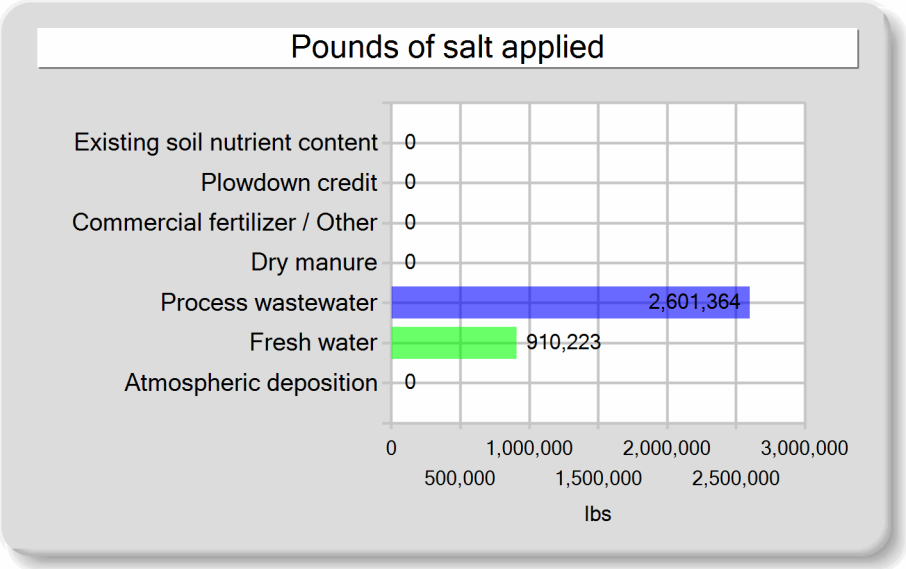

## EXCEPTION REPORTING

### A. MANURE, PROCESS WASTEWATER, AND OTHER DAIRY WASTE DISCHARGES

The following is a summary of all manure and process wastewater discharges from the production area to surface water or to land areas (land application areas or otherwise) when not in accordance with the facility's Nutrient Management Plan.

*No manure or process wastewater discharges occurred during the reporting period.*

### B. STORM WATER DISCHARGES

The following is a summary of all storm water discharges from the production area to surface water during the reporting period when not in accordance with the facility 's Nutrient Management Plan.

*No stormwater discharges occurred during the reporting period.*

### C. LAND APPLICATION AREA TO SURFACE WATER DISCHARGES

The following is a summary of all discharges from the land application area to surface water that have occurred during the reporting period when not in accordance with the facility's Nutrient Management Plan.

*No land application area to surface water discharges occurred during the reporting period.*

## NUTRIENT MANAGEMENT PLAN AND EXPORT AGREEMENT STATEMENTS

### A. NUTRIENT MANAGEMENT PLAN STATEMENTS

| | |
|---|---|
| Was the facility's NMP updated in the reporting period? | No |
| Was the facility's NMP developed by a certified nutrient management planner (specialist) as specified in Attachment C of the General Order? | Yes |
| Was the facility's NMP approved by a certified nutrient management planner (specialist) as specified in Attachment C of the General Order? | Yes |

### B. EXPORT AGREEMENT STATEMENT

| | |
|---|---|
| Are there any written agreements with third parties to receive manure or process wastewater that are new or were revised within the reporting period? | No |

ADDITIONAL NOTES

**A. NOTES**

*No notes entered for this annual report.*

CERTIFICATION

**A. OWNER AND/OR OPERATOR CERTIFICATION**

*I certify under penalty of law that I have personally examined and am familiar with the information submitted in this document and all attachments and that, based on my inquiry of those individuals immediately responsible for obtaining the information, I believe that the information is true, accurate, and complete. I am aware that there are significant penalties for submitting false information, including the possibility of fine and imprisonment.*

| | |
|---|---|
| Sabino A. Herrera<br>Sabino A. Herrera (May 20, 2024 10:37 PDT) | Sabino A. Herrera<br>Sabino A. Herrera (May 20, 2024 10:37 PDT) |
| SIGNATURE OF OWNER OF FACILITY | SIGNATURE OF OPERATOR OF FACILITY |
| Sabino Herrera-Ahlem | SAME AS OWNER |
| PRINT OR TYPE NAME | PRINT OR TYPE NAME |
| May 20, 2024 | May 20, 2024 |
| DATE | DATE |

ATTACHMENTS

## A. REQUIRED ATTACHMENTS

The following lists the required documents that should be attached to the Annual Report when submitted .

| Annual Dairy Facility Assessment |
| --- |
| Provide an Annual Dairy Facility Assessment (an update to the Preliminary Dairy Facility Assessment in Attachment A ) for each reporting period. On the PDFA Final page, click on the ADFA Report button to generate an ADFA report after updating information as needed . |

| Manure/Process Wastewater Tracking Manifests |
| --- |
| Provide copies of all manure/process wastewater tracking manifests for the reporting period, signed by both the owner/operator and the hauler. |

| Corrective Actions Documents |
| --- |
| Provide records documenting any corrective actions taken to correct deficiencies noted as a result of the inspections required in the Monitoring Requirements of the General Order. Deficiencies not corrected in 30 days must be accompanied by an explanation of the factors preventing immediate correction. |

| Groundwater Monitoring |
| --- |
| Dischargers that monitor supply wells or subsurface (tile) drainage systems, or that have monitoring well systems must submit monitoring results as directed in the General Order, Groundwater Reporting Section starting on page MRP-13. |

| Storm Water Monitoring |
| --- |
| Dischargers that are required to monitor storm water more frequently than required in the General Order must submit monitoring results as directed in the General Order, Storm Water Reporting Section on page MRP-14. |

**Denele Analytical, Inc.**

865 South Kilroy Avenue Turlock, CA 95380
Phone (209) 634-9055 - Fax (209) 634-9057

40 N. East Street, Woodland, CA 95776
Phone (530) 666-9056 - Fax (530) 666-9058

www.denelelabs.com

# Compliance Analysis Report

**Customer**
AHLEM FARMS PARTNERSHIP
24093 American Avenue
Hilmar, CA 95324

**Grower**

**Consultant:**
F & R Ag Services
2857 Geer Rd. Ste A
Turlock, CA 95382

PURCHASE ORDER:
RECEIVED DATE: 12/8/23 2:25 PM
SUBMITTED BY: Albert
ANALYZED DATE: 12/11/23

Irrigation/ Ground Water (H1)
SOURCE: Well Water

NOTES: Temperature above qualifying at 19.6C

| Sample ID | Lab ID | Analyte | Method Ref | Result | Units |
|---|---|---|---|---|---|
| DW A | T3342033A | Electrical Conductivity (EC) | EPA 120.1 and | 1.06 | mmhos/cm |
| | | Nitrate Nitrogen (NO3-N) | EPA 353.2 | 4.62 | mg/L |
| | | Ammonia Nitrogen (NH3-N) | SM 4500-NH3 D,C | < 0.500 | mg/L |
| | | Soluble Salts (SALT-SOL) | Calculation | 676 | mg/L |

| Laboratory Quality Control | LCS % | MS % | MSD % | RPD % |
|---|---|---|---|---|
| Ammonia Nitrogen (NH3-N) | 90.4 | 98.2 (T3342032A) | 100 (T3342032A) | 1.81 |
| Electrical Conductivity (EC) | 95.9 | | | 2.19 |
| Nitrate Nitrogen (NO3-N) | 101 | 106 (T3342022A) | 105 (T3342022A) | 1.10 |

The warranty of Denele Analytical is limited to the accuracy of the analyses of the samples as received. Denele Analytical assumes no responsibility for which the customer uses our test results, nor liability for any other warranties, express or implied. These terms and conditions shall supercede any conflicting terms and conditions submitted on customer purchase orders or other forms submitted for work.



ELAP Certificate No.: 2714

**Denele Analytical, Inc.**

865 South Kilroy Avenue Turlock, CA 95380
Phone (209) 634-9055 - Fax (209) 634-9057

www.denelelabs.com

40 N. East Street, Woodland, CA 95776
Phone (530) 666-9056 - Fax (530) 666-9058

# Compliance Analysis Report

**Customer**
AHLEM FARMS PARTNERSHIP
24093 American Avenue
Hilmar, CA 95324

**Grower**

**Consultant:**
F & R Ag Services
2857 Geer Rd. Ste A
Turlock, CA 95382

PURCHASE ORDER:
RECEIVED DATE: 12/8/23 2:25 PM
SUBMITTED BY: Albert
ANALYZED DATE: 12/11/23

Irrigation/ Ground Water (H1)
SOURCE: Well Water

NOTES: Temperature above qualifying at 18.4

| Sample ID | Lab ID | Analyte | Method Ref | Result | Units |
|---|---|---|---|---|---|
| DW B | T3342033B | Electrical Conductivity (EC) | EPA 120.1 and | 1.22 | mmhos/cm |
| | | Nitrate Nitrogen (NO3-N) | EPA 353.2 | < 0.140 | mg/L |
| | | Ammonia Nitrogen (NH3-N) | SM 4500-NH3 D,C | < 0.500 | mg/L |
| | | Soluble Salts (SALT-SOL) | Calculation | 778 | mg/L |

| Laboratory Quality Control | LCS % | MS % | MSD % | RPD % |
|---|---|---|---|---|
| Ammonia Nitrogen (NH3-N) | 90.4 | 98.2 (T3342032A) | 100 (T3342032A) | 1.81 |
| Electrical Conductivity (EC) | 95.9 | | | 2.19 |
| Nitrate Nitrogen (NO3-N) | 101 | 106 (T3342022A) | 105 (T3342022A) | 1.10 |

The warranty of Denele Analytical is limited to the accuracy of the analyses of the samples as received. Denele Analytical assumes no responsibility for which the customer uses our test results, nor liability for any other warranties, express or implied. These terms and conditions shall supercede any conflicting terms and conditions submitted on customer purchase orders or other forms submitted for work.



ELAP Certificate No.: 2714

**Denele Analytical, Inc.**

865 South Kilroy Avenue Turlock, CA 95380
Phone (209) 634-9055 - Fax (209) 634-9057

www.denelelabs.com

40 N. East Street, Woodland, CA 95776
Phone (530) 666-9056 - Fax (530) 666-9058

# Compliance Analysis Report

**Customer**
AHLEM FARMS PARTNERSHIP
24093 American Avenue
Hilmar, CA 95324

**Grower**

**Consultant:**
F & R Ag Services
2857 Geer Rd. Ste A
Turlock, CA 95382

PURCHASE ORDER:
RECEIVED DATE: 12/8/23 2:25 PM
SUBMITTED BY: Albert
ANALYZED DATE: 12/11/23

Irrigation/ Ground Water (H1)
SOURCE: Well Water

NOTES: Temperature above qualifying at 19.C

| Sample ID | Lab ID | Analyte | Method Ref | Result | Units |
|---|---|---|---|---|---|
| DW C | T3342033C | Electrical Conductivity (EC) | EPA 120.1 and | 1.69 | mmhos/cm |
| | | Nitrate Nitrogen (NO3-N) | EPA 353.2 | 16.1 | mg/L |
| | | Ammonia Nitrogen (NH3-N) | SM 4500-NH3 D,C | < 0.500 | mg/L |
| | | Soluble Salts (SALT-SOL) | Calculation | 1080 | mg/L |

| Laboratory Quality Control | LCS % | MS % | MSD % | RPD % |
|---|---|---|---|---|
| Ammonia Nitrogen (NH3-N) | 90.4 | 98.2 (T3342032A) | 100 (T3342032A) | 1.81 |
| Electrical Conductivity (EC) | 95.9 | | | 2.19 |
| Nitrate Nitrogen (NO3-N) | 101 | 106 (T3342022A) | 105 (T3342022A) | 1.10 |

The warranty of Denele Analytical is limited to the accuracy of the analyses of the samples as received. Denele Analytical assumes no responsibility for which the customer uses our test results, nor liability for any other warranties, express or implied. These terms and conditions shall supercede any conflicting terms and conditions submitted on customer purchase orders or other forms submitted for work.



ELAP Certificate No.: 2714

**Denele Analytical, Inc.**

865 South Kilroy Avenue Turlock, CA 95380
Phone (209) 634-9055 - Fax (209) 634-9057

40 N. East Street, Woodland, CA 95776
Phone (530) 666-9056 - Fax (530) 666-9058

www.denelelabs.com

# Compliance Analysis Report

**Customer**
AHLEM FARMS PARTNERSHIP
24093 American Avenue
Hilmar, CA 95324

**Grower**

**Consultant:**
F & R Ag Services
2857 Geer Rd. Ste A
Turlock, CA 95382

PURCHASE ORDER:
RECEIVED DATE: 12/8/23 2:25 PM
SUBMITTED BY: Albert
ANALYZED DATE: 12/11/23

Irrigation/ Ground Water (H1)
SOURCE: Well Water

NOTES: Temperature above qualifying at 20.0C

| Sample ID | Lab ID | Analyte | Method Ref | Result | Units |
|---|---|---|---|---|---|
| DW D | T3342033D | Electrical Conductivity (EC) | EPA 120.1 and | 1.24 | mmhos/cm |
| | | Nitrate Nitrogen (NO3-N) | EPA 353.2 | 5.24 | mg/L |
| | | Ammonia Nitrogen (NH3-N) | SM 4500-NH3 D,C | < 0.500 | mg/L |
| | | Soluble Salts (SALT-SOL) | Calculation | 796 | mg/L |

| Laboratory Quality Control | LCS % | MS % | MSD % | RPD % |
|---|---|---|---|---|
| Ammonia Nitrogen (NH3-N) | 90.4 | 98.2 (T3342032A) | 100 (T3342032A) | 1.81 |
| Electrical Conductivity (EC) | 95.9 | | | 2.19 |
| Nitrate Nitrogen (NO3-N) | 101 | 106 (T3342022A) | 105 (T3342022A) | 1.10 |

The warranty of Denele Analytical is limited to the accuracy of the analyses of the samples as received. Denele Analytical assumes no responsibility for which the customer uses our test results, nor liability for any other warranties, express or implied. These terms and conditions shall supercede any conflicting terms and conditions submitted on customer purchase orders or other forms submitted for work.



ELAP Certificate No.: 2714

**Denele Analytical, Inc.**

865 South Kilroy Avenue Turlock, CA 95380
Phone (209) 634-9055 - Fax (209) 634-9057

40 N. East Street, Woodland, CA 95776
Phone (530) 666-9056 - Fax (530) 666-9058

www.denelelabs.com

# Compliance Analysis Report

**Customer**
AHLEM FARMS PARTNERSHIP
24093 American Avenue
Hilmar, CA 95324

**Grower**

**Consultant:**
F & R Ag Services
2857 Geer Rd. Ste A
Turlock, CA 95382

PURCHASE ORDER:
RECEIVED DATE: 12/8/23 2:25 PM
SUBMITTED BY: Albert
ANALYZED DATE: 12/11/23

Tile Drain (H2)
SOURCE: Tile Drain

NOTES: Temperature above qualifying at 19.4c

| Sample ID | Lab ID | Analyte | Method Ref | Result | Units |
|---|---|---|---|---|---|
| Tile Drain | T3342033E | Electrical Conductivity (EC) | EPA 120.1 and | 2.13 | mmhos/cm |
| | | Ammonia Nitrogen (NH3-N) | SM 4500-NH3 D,C | 1.12 | mg/L |
| | | Total Dissolved Solids (TDS) | SM 2540 C-1997 and | 1250 | mg/L |
| | | Total Phosphorus (TP) | EPA 200.7 | 5.14 | mg/L |
| | | Nitrate Nitrogen (NO3-N) | EPA 353.2 | 80.6 | mg/L |
| | | Soluble Salts (SALT-SOL) | Calculation | 1360 | mg/L |

| Laboratory Quality Control | LCS % | MS % | MSD % | RPD % |
|---|---|---|---|---|
| Ammonia Nitrogen (NH3-N) | 90.4 | 98.2 (T3342032A) | 100 (T3342032A) | 1.81 |
| Nitrate Nitrogen (NO3-N) | 101 | 106 (T3342022A) | 105 (T3342022A) | 1.10 |
| Total Dissolved Solids (TDS) | 101 | | | 2.30 |
| Total Phosphorus (TP) | 96.8 | 96.9 (T3340007A) | 97.6 (T3340007A) | 0.683 |

The warranty of Denele Analytical is limited to the accuracy of the analyses of the samples as received. Denele Analytical assumes no responsibility for which the customer uses our test results, nor liability for any other warranties, express or implied. These terms and conditions shall supercede any conflicting terms and conditions submitted on customer purchase orders or other forms submitted for work.



ELAP Certificate No.: 2714

# DENELE ANALYTICAL, INC.

865 S. KILROY
TURLOCK, CA 95380

PH# 209-634-9055 FAX# 209-634-9057

## DAIRY COMPLIANCE

**Client:** Ahlem Farms Partnership (AFP)
**Mailing address:** 24093 American Ave.
(not facility address) Hilmar, CA 95324
**Phone#:** 209-632-5822

**Authorized Copy Released To:**
F & R Ag Services
Attn: Joe Ramos
**Sampled By:**
**Project ID:**

## ANALYSIS TO BE COMPLETED:

**IRRIGATION/GROUND WATER**
- H1 EC*, NO3-N, NH4-N*
- H6 EC, TN, TDS
- H7 Combination of H1 & H6
- H14 EC, NO3-N, NH4-N, Ca, Mg, Na, Bicarb Carb, SO4, Cl, TDS

**PROCESS WASTE WATER**
- H3 EC*, NH4-N, TKN, TP, K, TDS
- H4 EC*, NO3-N, NH4-N, TKN, TP, K, TDS
- H5 Ca, Mg, Na, Bicarb, Carb, SO4, Cl
- H8 Combination of H3 &H5
- H9 Combination of H4 &H5

**TILE DRAIN**
- H2 EC*, NO3-N, TP, NH4-N*, TDS

** Required Field Measurement*

___ (Check here if performed)

**DISCHARGE WATER**
- E1 EC*, Temp*, pH*, NO3-N, NH4-N, TKN, TP, K, TDS, Dissolved Oxygen*, BOD 5, TSS, Total & Fecal Coliforms
- E2 EC,* Temp*, pH*, NO3-N, NH4-N*, Turbidity, TP, Dissolved Oxygen*, Total & Fecal Coliforms
- E3 EC*, Temp*, pH*, NO3-N, NH4-N*, TP, Total & Fecal Coliforms
- E4 EC*, Temp*, pH*, NO3-N, NH4-N*, Turbidity, TP, Total & Fecal Coliform

**MANURE**
- M1 % Moisture
- M3 TN TP, K, % Moisture
- M4 Ca, Mg, Na, Bicarb, Carb, SO4, Cl, Ash
- M7 Combination of M3 & M4

**PLANT TISSUE**
- F18 % Moisture, Ash, TN, P, K, DM and as received
- F18+ % Moisture, Ash, TN, P, K, DM and as received (Package also includes NIR DCAD)
- F19+ % Moisture, TN (Package includes complete plant tissue analysis)

**SOIL**
- K3 Soluble Phosphorus
- K4 1ft NO3, Organic Matter
- K5 Pre-Plant (2ft NO3), Fall (1-2ft NO3), Fall (2-3ft NO3)
- K6 0-1ft EC, NO3, Soluble P, K, Organic Matter
- K7 Combination of K3 & K4
- K8 Combination of K3 & K5

| H1 | H3 | M3 | F18 | OTHER |
|---|---|---|---|---|
| | | | | |

| | Date Collected | Time Collected | Sample ID | Description | Temp | Well Purge | Analysis | | | | |
|---|---|---|---|---|---|---|---|---|---|---|---|
| 1 | 12/8/23 | 10:30am | DW A | | 19.6 | | H1 | | | | |
| 2 | " | 10:42am | DW B | | 18.4 | | H1 | | | | |
| 3 | " | 10:47am | DW C | | 19.2 | | H1 | | | | |
| 4 | " | 10:59am | DW D | | 20.0 | | H1 | | | | |
| 5 | " | 11:07am | Tile Drain | | 19.4 | | H2 | | | | |
| 6 | | | | | | | | | | | |
| 7 | | | | | | | | | | | |
| 8 | | | | | | | | | | | |
| 9 | | | | | | | | | | | |
| 10 | | | | | | | | | | | |

**CHAIN OF CUSTODY RECORDING**

| | Signature | Company | Received Date & Time | Relinquished Date & Time | (LABORATORY USE ONLY) Logged In By: | LABORATORY NUMBER |
|---|---|---|---|---|---|---|
| 1st | [signature] | AHLEM FARMS PARTNERSHIP | | | | |
| 2nd | | DENELE ANALYTICAL, INC. | 12-8-23 @ 14:25 | | | T 3342033 |

Required to be submitted to any agency? (YES / NO)

## ATTACHMENT D

### Manure/Process Wastewater Tracking Manifest
### For
### Existing Milk Cow Dairies

Instructions:

1) Complete one manifest for each hauling event, for each destination. A hauling event may last for several days, as long as the manure is being hauled to the same destination.
2) If there are multiple destinations, **complete a separate form for each destination**.
3) The operator must obtain the signature of the hauler upon completion of each manure-hauling event.
4) The operator shall submit copies of manure/process wastewater tracking manifest(s) with the Annual Monitoring Report for Existing Milk Cow Dairies.

**Operator Information:**

Name of Operator: Sabino A. Herrera D.V.M

Name of Dairy Facility: Ahlem Farms Partnership

Facility Address: 24093 W. American Ave (Number and Street) Hilmar (City) 95324 (Zip Code)

Contact Person Name and Phone Number: Sabino A. Herrera (Name) 209-632-5822 (Phone Number)

**Manure/Process Wastewater Hauler Information:**

Name of Hauling Company/Person: Joshua Holsapple Fertilizer Spreading Inc

Address of Hauling Company /Person: 400 N. Central Ave (Number and Street) Turlock (City) 95380 (Zip Code)

Contact Person: Joshua Holsapple (Name) 209-668-4727 (Phone Number)

**Destination Information:**

Composting Facility / Broker / Farmer / Other (identify) _____ (please circle one)

Contact information of Composting Facility, Broker, Farmer, or Other (as identified above):

JHFS Inc (Name) 400 N. Central Ave (Number and Street) Turlock (City) 95380 (Zip Code) 209-668-4727 (Phone Number)

Manure/Process Wastewater Destination Address or Assessor's Parcel Number:
SAME AS ABOVE

Number and Street | City | Zip Code | Assessor's Parcel Number

Dates Hauled: 5/31/23

**Amount Hauled:**

Enter the amount of manure hauled in tons or cubic yards (indicate the units used), the manure solids content (if amount reported in tons) or manure density (if amount reported in cubic yards), and the method used to calculate the amount:

Manure: 1000 (Tons) or Cubic Yards (indicate which units used)
Manure Solids Content (if amount reported in tons): @ 44.4%
Manure Density (if amount reported in cubic yards): _____

Method used to determine amount of manure: Box Spreading Dry/Haulers

Enter the amount of process wastewater hauled in gallons and the method used to determine the amount.

Process Wastewater: N/A Gallons

Method used to determine volume of process wastewater: N/A

**Written Agreement:**
Does the Operator have a written agreement (in compliance with Land Application Specification C.2 of Waste Discharge Requirements General Order No. R5-2007-0035) with any party that receives process wastewater from the Operator for its own use? (please check one)

✓ Yes ____ No

If the answer is no, the Operator agrees to have such a written agreement with any such party for any process wastewater transferred after **31 December 2007** to such party.
_____ (Operator shall provide initials here to acknowledge this requirement).

**Certification:**
I declare under the penalty of law that I personally examined and am familiar with the information submitted in this document, and that based on my inquiry of those individuals immediately responsible for obtaining the information, I believe that the information is true, accurate, and complete. I am aware that there are significant penalties for submitting false information, including the possibility of a fine and imprisonment for knowing violations.

Operator's Signature: _____ Date: _____

Hauler's Signature: _____ Date: _____

## ATTACHMENT D

### Manure/Process Wastewater Tracking Manifest
### For
### Existing Milk Cow Dairies

Instructions:

1) Complete one manifest for each hauling event, for each destination. A hauling event may last for several days, as long as the manure is being hauled to the same destination.
2) If there are multiple destinations, **complete a separate form for each destination.**
3) The operator must obtain the signature of the hauler upon completion of each manure-hauling event.
4) The operator shall submit copies of manure/process wastewater tracking manifest(s) with the Annual Monitoring Report for Existing Milk Cow Dairies.

**Operator Information:**

Name of Operator: Sabino A. Herrera D.V.M

Name of Dairy Facility: Ahlem Farms Partnership

Facility Address: 24093 W. American Ave (Number and Street) Hilmar (City) 95324 (Zip Code)

Contact Person Name and Phone Number: Sabino A. Herrera (Name) 209-632-5822 (Phone Number)

**Manure/Process Wastewater Hauler Information:**

Name of Hauling Company/Person: Joshua Holsapple Fertilizer Spreading Inc

Address of Hauling Company /Person: 400 N. Central Ave (Number and Street) Turlock (City) 95380 (Zip Code)

Contact Person: Joshua Holsapple (Name) 209-668-4727 (Phone Number)

**Destination Information:**

Composting Facility / Broker / Farmer / Other (identify) _____ (please circle one)

Contact information of Composting Facility, Broker, Farmer, or Other (as identified above):

JHFS Inc (Name) 400 N. Central Ave (Number and Street) Turlock (City) 95380 (Zip Code) 209-668-4727 (Phone Number)

Manure/Process Wastewater Destination Address or Assessor's Parcel Number:
SAME AS ABOVE

Number and Street | City | Zip Code | Assessor's Parcel Number

Dates Hauled: 9/28/23

**Amount Hauled:**

Enter the amount of manure hauled in tons or cubic yards (indicate the units used), the manure solids content (if amount reported in tons) or manure density (if amount reported in cubic yards), and the method used to calculate the amount:

Manure: 4000 Tons or Cubic Yards (indicate which units used)
Manure Solids Content (if amount reported in tons): @ 74.4
Manure Density (if amount reported in cubic yards): _____

Method used to determine amount of manure: Box Spreading Dry Manure

Enter the amount of process wastewater hauled in gallons and the method used to determine the amount.

Process Wastewater: N/A Gallons

Method used to determine volume of process wastewater: N/A

**Written Agreement:**
Does the Operator have a written agreement (in compliance with Land Application Specification C.2 of Waste Discharge Requirements General Order No. R5-2007-0035) with any party that receives process wastewater from the Operator for its own use? (please check one)

✓ Yes _____ No

If the answer is no, the Operator agrees to have such a written agreement with any such party for any process wastewater transferred after **31 December 2007** to such party.
_____ (Operator shall provide initials here to acknowledge this requirement).

**Certification:**
I declare under the penalty of law that I personally examined and am familiar with the information submitted in this document, and that based on my inquiry of those individuals immediately responsible for obtaining the information, I believe that the information is true, accurate, and complete. I am aware that there are significant penalties for submitting false information, including the possibility of a fine and imprisonment for knowing violations.

Operator's Signature: _____ Date: _____

Hauler's Signature: _____ Date: _____

# 2023 Annual Report-Ahlem Farms Partnership

Final Audit Report 2024-05-20

| | |
|---|---|
| Created: | 2024-05-20 |
| By: | Kristen Jones (kjones@fragservices.com) |
| Status: | Signed |
| Transaction ID: | CBJCHBCAABAA2qg2mH11uuAeoJckmkl_lWZ9gskOVvIF |

## "2023 Annual Report-Ahlem Farms Partnership" History

Document created by Kristen Jones (kjones@fragservices.com)
2024-05-20 - 5:34:26 PM GMT

Document emailed to browncow236@gmail.com for signature
2024-05-20 - 5:35:27 PM GMT

Email viewed by browncow236@gmail.com
2024-05-20 - 5:36:56 PM GMT

Signer browncow236@gmail.com entered name at signing as Sabino A. Herrera
2024-05-20 - 5:37:29 PM GMT

Document e-signed by Sabino A. Herrera (browncow236@gmail.com)
Signature Date: 2024-05-20 - 5:37:31 PM GMT - Time Source: server

Agreement completed.
2024-05-20 - 5:37:31 PM GMT

Adobe Acrobat Sign