Annual Report - General Order No. R5-2007-0035
Reporting period 01/01/2023 to 12/31/2023.

DAIRY FACILITY INFORMATION

A. NAME OF DAIRY OR BUSINESS OPERATING THE DAIRY: Mike Van Vliet / Skiff Ranch

Physical address of dairy:

Number and Street	City	County	Zip Code
24323 E Skiff RD	Escalon	San Joaquin	95320

Street and nearest cross street (if no address):

Date facility was originally placed in operation: 11/01/1974

Regional Water Quality Control Board Basin Plan designation: San Joaquin River Basin

County Assessor Parcel Number(s) for dairy facility:

X207-X030-XX14-XXXX

B. OPERATORS

Van Vliet, Mike

Operator name: Van Vliet, Mike

Telephone no.: (209) 607-8343 (Landline) (Cellular)

Mailing Address Number and Street	City	State	Zip Code
23234 E Lone Tree RD	Escalon	CA	95320

This operator is responsible for paying permit fees.

C. OWNERS

Van Vliet, Mike

Legal owner name: Van Vliet, Mike

Telephone no.: (209) 607-8343 (Landline) (Cellular)

Mailing Address Number and Street	City	State	Zip Code
23234 E Lone Tree RD	Escalon	CA	95320

This owner is responsible for paying permit fees.

AVAILABLE NUTRIENTS

A. HERD INFORMATION

	Milk Cows	Dry Cows	Bred Heifers (15-24 mo.)	Heifers (7-14 mo. to breeding)	Calves (4-6 mo.)	Calves (0-3 mo.)
Number open confinement	0	0	0	0	0	0
Number under roof	0	150	350	250	0	0
Maximum number	0	150	350	250	0	0
Average number	0	150	350	250	0	0
Avg live weight (lbs)	0	1,450	950	700		

Predominant milk cow breed: Holstein

Average milk production: 1 *pounds per cow per day*

B. MANURE GENERATED

Total manure excreted by the herd: 8,159.85 *tons per reporting period*

Total nitrogen from manure: 84,315.00 *lbs per reporting period*

After ammonia losses (30% loss applied): 59,020.50 *lbs per reporting period*

Total phosphorus from manure: 13,249.50 *lbs per reporting period*

Total potassium from manure: 1.00 *lbs per reporting period*

Total salt from manure: 34,492.50 *lbs per reporting period*

C. PROCESS WASTEWATER GENERATED

Process wastewater generated: 7,050,000 *gallons*

Total nitrogen generated: 12,683.73 *lbs*

Total phosphorus generated: 2,422.16 *lbs*

Total potassium generated: 26,939.16 *lbs*

Total salt generated: 260,789.60 *lbs*

	7,050,000	*gallons applied*
+	0	*gallons exported*
-	0	*gallons imported*
=	7,050,000	*gallons generated*

D. FRESH WATER SOURCES

Source Description	Type
IW 1	Ground water
IW 2	Ground water
IW 3	Ground water

E. SUBSURFACE (TILE) DRAINAGE SOURCES

No subsurface (tile) drainage sources entered.

F. NUTRIENT IMPORTS

Date	Material type / Description	Quantity	Reporting basis	Moist. (%)	N (mg/kg)	P (mg/kg)	K (mg/kg)	Salt (mg/kg)	TFS (%)
01/01/2023	Separator solids *Separated Solids*	800.00 *ton*	Dry-weight	76.7	27,300.00	5,260.00	16,000.00		11.40

No process wastewater nutrient imports entered.

Date	Material type / Description	Quantity	Reporting basis	Moisture (%)	N (%)	P (%)	K (%)	Salt (%)
03/02/2023	Solid commercial fertilizer *CAN17*	9.30 *ton*	Dry-weight	0.1	17.000000	0.000000	0.000000	0.000000
05/22/2023	Solid commercial fertilizer *UN32*	9.14 *ton*	Dry-weight	0.1	32.000000	0.000000	0.000000	0.000000
06/02/2023	Solid commercial fertilizer *4-0-0*	6.40 *ton*	Dry-weight	0.1	4.000000	0.000000	0.000000	0.000000
08/21/2023	Solid commercial fertilizer *Triple 15*	12.32 *ton*	Dry-weight	0.1	15.000000	15.000000	15.000000	0.000000

Material type	Total N (lbs)	Total P (lbs)	Total K (lbs)	Total salt (lbs)
Commercial fertilizer / Other	13,206.38	3,692.30	3,692.30	0.00
Dry manure	10,177.44	1,960.93	5,964.80	42,499.20
Process wastewater	0.00	0.00	0.00	0.00
Total imports for all materials	23,383.82	5,653.23	9,657.10	42,499.20

G. NUTRIENT EXPORTS

No solid nutrient exports entered.

No liquid nutrient exports entered.

APPLICATION AREA

A. LIST OF LAND APPLICATION AREAS

Field name	Controlled acres	Cropable acres	Total harvests	Type of waste applied	Parcel number
Field 1	54	54	2	both	X207-X020-XX02-XXXX
Field 2	14	14	2	both	X207-X030-XX14-XXXX
Field 3	70	70	1	manure	X207-X030-XX14-XXXX
Field 4	32	32	1	none	X207-X020-XX02-XXXX
Field 5	69	69	1	manure	X207-X020-XX02-XXXX
Field 6	7	7	1	none	X207-X020-XX02-XXXX
Totals for areas that were used for application	207	207	6		
Totals for areas that were not used for application	39	39	2		
Land application area totals	246	246	8		

B. CROPS AND HARVESTS

Field 1

Field name: Field 1

10/30/2002: Oats, silage-soft dough

Crop: Oats, silage-soft dough Acres planted: 54 Plant date: 10/30/2002

Harvest date	Yield	Reporting basis	Density (lbs/cu ft)	Moisture (%)	N (mg/kg)	P (mg/kg)	K (mg/kg)	Salt (mg/kg)	TFS (%)
05/06/2023	877.50 *ton*	As-is		68.6	3,960.00	700.00	5,550.00		8.08

	Yield (tons/acre)	Total N (lbs/acre)	Total P (lbs/acre)	Total K (lbs/acre)	Salt (lbs/acre)
Anticipated harvest content	16.00	160.00	25.60	132.80	0.00
Total actual harvest content	16.25	128.70	22.75	180.38	824.56

Field 1

06/02/2023: Corn, silage

Crop: Corn, silage Acres planted: 54 Plant date: 06/02/2023

Harvest date	Yield	Reporting basis	Density (lbs/cu ft)	Moisture (%)	N (mg/kg)	P (mg/kg)	K (mg/kg)	Salt (mg/kg)	TFS (%)
09/18/2023	1,645.31 *ton*	As-is		78.5	2,620.00	540.00	3,560.00		6.30

	Yield (tons/acre)	Total N (lbs/acre)	Total P (lbs/acre)	Total K (lbs/acre)	Salt (lbs/acre)
Anticipated harvest content	32.00	256.00	48.00	211.20	0.00
Total actual harvest content	30.47	159.66	32.91	216.94	825.40

Field 2

Field name: Field 2

10/30/2022: Oats, silage-soft dough

Crop: Oats, silage-soft dough Acres planted: 10 Plant date: 10/30/2022

Harvest date	Yield	Reporting basis	Density (lbs/cu ft)	Moisture (%)	N (mg/kg)	P (mg/kg)	K (mg/kg)	Salt (mg/kg)	TFS (%)
05/06/2023	162.50 *ton*	As-is		56.8	3,890.00	940.00	6,530.00		7.81

	Yield (tons/acre)	Total N (lbs/acre)	Total P (lbs/acre)	Total K (lbs/acre)	Salt (lbs/acre)
Anticipated harvest content	16.00	160.00	25.60	132.80	0.00
Total actual harvest content	16.25	126.43	30.55	212.23	1,096.52

06/02/2023: Corn, silage

Crop: Corn, silage Acres planted: 10 Plant date: 06/02/2023

Harvest date	Yield	Reporting basis	Density (lbs/cu ft)	Moisture (%)	N (mg/kg)	P (mg/kg)	K (mg/kg)	Salt (mg/kg)	TFS (%)
09/18/2023	304.50 *ton*	As-is		73.1	3,150.00	590.00	3,480.00		2.00

	Yield (tons/acre)	Total N (lbs/acre)	Total P (lbs/acre)	Total K (lbs/acre)	Salt (lbs/acre)
Anticipated harvest content	32.00	256.00	48.00	211.20	0.00
Total actual harvest content	30.45	191.84	35.93	211.93	327.64

Field 3

Field name: Field 3

02/03/2022: Almond, in shell

Crop: Almond, in shell Acres planted: 70 Plant date: 02/03/2022

Harvest date	Yield	Reporting basis	Density (lbs/cu ft)	Moisture (%)	N (mg/kg)	P (mg/kg)	K (mg/kg)	Salt (mg/kg)	TFS (%)
12/31/2023	1.00 *ton*	As-is		0.1	0.00	0.00	0.00		0.00

	Yield (tons/acre)	Total N (lbs/acre)	Total P (lbs/acre)	Total K (lbs/acre)	Salt (lbs/acre)
Anticipated harvest content	1.00	1.00	0.10	0.10	0.00
Total actual harvest content	0.01	0.00	0.00	0.00	0.00

Field 4

Field name: Field 4

02/01/2020: Almond, in shell

Crop: Almond, in shell Acres planted: 32 Plant date: 02/01/2020

Harvest date	Yield	Reporting basis	Density (lbs/cu ft)	Moisture (%)	N (mg/kg)	P (mg/kg)	K (mg/kg)	Salt (mg/kg)	TFS (%)
09/30/2023	94.30 *ton*	As-is		14.0	13,300.00	1,080.00	19,500.00		6.84

	Yield (tons/acre)	Total N (lbs/acre)	Total P (lbs/acre)	Total K (lbs/acre)	Salt (lbs/acre)
Anticipated harvest content	3.00	129.00	21.90	139.50	0.00
Total actual harvest content	2.95	78.39	6.37	114.93	346.69

Field 5

Field name: Field 5

Field 5

02/05/2019: Almond, in shell

Crop: Almond, in shell Acres planted: 69 Plant date: 02/05/2019

Harvest date	Yield	Reporting basis	Density (lbs/cu ft)	Moisture (%)	N (mg/kg)	P (mg/kg)	K (mg/kg)	Salt (mg/kg)	TFS (%)
09/28/2023	352.30 *ton*	As-is		14.0	13,300.00	1,080.00	19,500.00		6.84

	Yield (tons/acre)	Total N (lbs/acre)	Total P (lbs/acre)	Total K (lbs/acre)	Salt (lbs/acre)
Anticipated harvest content	5.00	215.00	36.50	232.50	0.00
Total actual harvest content	5.11	135.81	11.03	199.13	600.69

Field 6

Field name: Field 6

02/03/2022: Almond, in shell

Crop: Almond, in shell Acres planted: 7 Plant date: 02/03/2022

Harvest date	Yield	Reporting basis	Density (lbs/cu ft)	Moisture (%)	N (mg/kg)	P (mg/kg)	K (mg/kg)	Salt (mg/kg)	TFS (%)
12/31/2023	0.01 *ton*	As-is		0.1	0.00	0.00	0.00		0.00

	Yield (tons/acre)	Total N (lbs/acre)	Total P (lbs/acre)	Total K (lbs/acre)	Salt (lbs/acre)
Anticipated harvest content	1.00	1.00	0.10	0.10	0.00
Total actual harvest content	0.00	0.00	0.00	0.00	0.00

NUTRIENT BUDGET

A. LAND APPLICATIONS

Field 1 - 10/30/2002: Oats, silage-soft dough

Field name: Field 1

Crop: Oats, silage-soft dough — Plant date: 10/30/2002

Application date	Application method	Precipitation 24 hours prior	Precipitation during application	Precipitation 24 hours following
10/06/2022	Broadcast/incorporate	No precipitation	No precipitation	No precipitation

Source description	Material type	N (lbs/acre)	P (lbs/acre)	K (lbs/acre)	Salt (lbs/acre)	Amount
Separated Solids	Separator solids	159.02	30.64	93.20	664.05	675.00 *ton*
Application event totals		159.02	30.64	93.20	664.05	

Application date	Application method	Precipitation 24 hours prior	Precipitation during application	Precipitation 24 hours following
10/10/2022	Surface (irrigation)	No precipitation	No precipitation	No precipitation

Source description	Material type	N (lbs/acre)	P (lbs/acre)	K (lbs/acre)	Salt (lbs/acre)	Amount
IW 1	Ground water	2.98	0.00	0.00	237.60	6,150,000.00 *gal*
Application event totals		2.98	0.00	0.00	237.60	

Field 1 - 06/02/2023: Corn, silage

Field name: Field 1

Crop: Corn, silage — Plant date: 06/02/2023

Application date	Application method	Precipitation 24 hours prior	Precipitation during application	Precipitation 24 hours following
05/13/2023	Surface (irrigation)	No precipitation	No precipitation	No precipitation

Source description	Material type	N (lbs/acre)	P (lbs/acre)	K (lbs/acre)	Salt (lbs/acre)	Amount
WWS	Process wastewater	141.87	15.94	307.37	3,679.03	3,060,000.00 *gal*
IW 1	Ground water	1.63	0.00	0.00	143.05	3,825,000.00 *gal*
Application event totals		143.50	15.94	307.37	3,822.08	

Application date	Application method	Precipitation 24 hours prior	Precipitation during application	Precipitation 24 hours following
06/02/2023	Sidedress	No precipitation	No precipitation	No precipitation

Source description	Material type	N (lbs/acre)	P (lbs/acre)	K (lbs/acre)	Salt (lbs/acre)	Amount
4-0-0	Solid commercial fertilizer	8.00	0.00	0.00	0.00	
Application event totals		8.00	0.00	0.00	0.00	

Field 1 - 06/02/2023: Corn, silage

Application date	Application method	Precipitation 24 hours prior	Precipitation during application	Precipitation 24 hours following
06/25/2023	Surface (irrigation)	No precipitation	No precipitation	No precipitation

Source description	Material type	N (lbs/acre)	P (lbs/acre)	K (lbs/acre)	Salt (lbs/acre)	Amount
IW 1	Ground water	3.20	0.00	0.00	280.48	7,500,000.00 *gal*
Application event totals		3.20	0.00	0.00	280.48	

Application date	Application method	Precipitation 24 hours prior	Precipitation during application	Precipitation 24 hours following
07/09/2023	Surface (irrigation)	No precipitation	No precipitation	No precipitation

Source description	Material type	N (lbs/acre)	P (lbs/acre)	K (lbs/acre)	Salt (lbs/acre)	Amount
IW 1	Ground water	3.13	0.00	0.00	274.88	7,350,000.00 *gal*
Application event totals		3.13	0.00	0.00	274.88	

Application date	Application method	Precipitation 24 hours prior	Precipitation during application	Precipitation 24 hours following
07/23/2023	Surface (irrigation)	No precipitation	No precipitation	No precipitation

Source description	Material type	N (lbs/acre)	P (lbs/acre)	K (lbs/acre)	Salt (lbs/acre)	Amount
WWS	Process wastewater	56.08	21.85	113.05	391.66	2,880,000.00 *gal*
IW 1	Ground water	1.54	0.00	0.00	134.63	3,600,000.00 *gal*
Application event totals		57.61	21.85	113.05	526.29	

Application date	Application method	Precipitation 24 hours prior	Precipitation during application	Precipitation 24 hours following
08/06/2023	Surface (irrigation)	No precipitation	No precipitation	No precipitation

Source description	Material type	N (lbs/acre)	P (lbs/acre)	K (lbs/acre)	Salt (lbs/acre)	Amount
IW 1	Ground water	1.54	0.00	0.00	134.63	3,600,000.00 *gal*
Application event totals		1.54	0.00	0.00	134.63	

Application date	Application method	Precipitation 24 hours prior	Precipitation during application	Precipitation 24 hours following
08/20/2023	Surface (irrigation)	No precipitation	No precipitation	No precipitation

Source description	Material type	N (lbs/acre)	P (lbs/acre)	K (lbs/acre)	Salt (lbs/acre)	Amount
IW 1	Ground water	3.13	0.00	0.00	274.88	7,350,000.00 *gal*
Application event totals		3.13	0.00	0.00	274.88	

Field 2 - 10/30/2022: Oats, silage-soft dough

Field name: Field 2

Crop: Oats, silage-soft dough

Plant date: 10/30/2022

Application date	Application method	Precipitation 24 hours prior	Precipitation during application	Precipitation 24 hours following

Field 2 - 10/30/2022: Oats, silage-soft dough

Application date	Application method	Precipitation 24 hours prior	Precipitation during application	Precipitation 24 hours following
10/06/2022	Broadcast/incorporate	No precipitation	No precipitation	No precipitation

Source description	Material type	N (lbs/acre)	P (lbs/acre)	K (lbs/acre)	Salt (lbs/acre)	Amount
Separated Solids	Separator solids	165.38	31.87	96.93	690.61	130.00 *ton*
Application event totals		165.38	31.87	96.93	690.61	

10/09/2022	Surface (irrigation)	No precipitation	No precipitation	No precipitation

Source description	Material type	N (lbs/acre)	P (lbs/acre)	K (lbs/acre)	Salt (lbs/acre)	Amount
IW 1	Ground water	2.95	0.00	0.00	234.70	1,125,000.00 *gal*
Application event totals		2.95	0.00	0.00	234.70	

Field 2 - 06/02/2023: Corn, silage

Field name: Field 2

Crop: Corn, silage

Plant date: 06/02/2023

Application date	Application method	Precipitation 24 hours prior	Precipitation during application	Precipitation 24 hours following
05/12/2023	Surface (irrigation)	No precipitation	No precipitation	No precipitation

Source description	Material type	N (lbs/acre)	P (lbs/acre)	K (lbs/acre)	Salt (lbs/acre)	Amount
WWS	Process wastewater	142.70	16.03	309.18	3,700.67	570,000.00 *gal*
IW 1	Ground water	1.64	0.00	0.00	143.89	712,500.00 *gal*
Application event totals		144.34	16.03	309.18	3,844.56	

06/02/2023	Sidedress	No precipitation	No precipitation	No precipitation

Source description	Material type	N (lbs/acre)	P (lbs/acre)	K (lbs/acre)	Salt (lbs/acre)	Amount
4-0-0	Solid commercial fertilizer	8.00	0.00	0.00	0.00	
Application event totals		8.00	0.00	0.00	0.00	

06/24/2023	Surface (irrigation)	No precipitation	No precipitation	No precipitation

Source description	Material type	N (lbs/acre)	P (lbs/acre)	K (lbs/acre)	Salt (lbs/acre)	Amount
IW 1	Ground water	3.20	0.00	0.00	280.20	1,387,500.00 *gal*
Application event totals		3.20	0.00	0.00	280.20	

Field 2 - 06/02/2023: Corn, silage

Application date	Application method	Precipitation 24 hours prior	Precipitation during application	Precipitation 24 hours following
07/08/2023	Surface (irrigation)	No precipitation	No precipitation	No precipitation

Source description	Material type	N (lbs/acre)	P (lbs/acre)	K (lbs/acre)	Salt (lbs/acre)	Amount
IW 1	Ground water	3.20	0.00	0.00	280.20	1,387,500.00 *gal*
Application event totals		3.20	0.00	0.00	280.20	

Application date	Application method	Precipitation 24 hours prior	Precipitation during application	Precipitation 24 hours following
07/22/2023	Surface (irrigation)	No precipitation	No precipitation	No precipitation

Source description	Material type	N (lbs/acre)	P (lbs/acre)	K (lbs/acre)	Salt (lbs/acre)	Amount
WWS	Process wastewater	56.78	22.13	114.46	396.55	540,000.00 *gal*
IW 1	Ground water	1.55	0.00	0.00	136.32	675,000.00 *gal*
Application event totals		58.33	22.13	114.46	532.87	

Application date	Application method	Precipitation 24 hours prior	Precipitation during application	Precipitation 24 hours following
08/05/2023	Surface (irrigation)	No precipitation	No precipitation	No precipitation

Source description	Material type	N (lbs/acre)	P (lbs/acre)	K (lbs/acre)	Salt (lbs/acre)	Amount
IW 1	Ground water	3.11	0.00	0.00	272.63	1,350,000.00 *gal*
Application event totals		3.11	0.00	0.00	272.63	

Application date	Application method	Precipitation 24 hours prior	Precipitation during application	Precipitation 24 hours following
08/19/2023	Surface (irrigation)	No precipitation	No precipitation	No precipitation

Source description	Material type	N (lbs/acre)	P (lbs/acre)	K (lbs/acre)	Salt (lbs/acre)	Amount
IW 1	Ground water	3.11	0.00	0.00	272.63	1,350,000.00 *gal*
Application event totals		3.11	0.00	0.00	272.63	

Field 3 - 02/03/2022: Almond, in shell

Field name: Field 3

Crop: Almond, in shell

Plant date: 02/03/2022

Application date	Application method	Precipitation 24 hours prior	Precipitation during application	Precipitation 24 hours following
10/28/2022	Broadcast/incorporate	No precipitation	No precipitation	No precipitation

Source description	Material type	N (lbs/acre)	P (lbs/acre)	K (lbs/acre)	Salt (lbs/acre)	Amount
Corral Solids	Corral solids	49.41	22.51	107.50	1,202.73	152.00 *ton*
Application event totals		49.41	22.51	107.50	1,202.73	

Field 3 - 02/03/2022: Almond, in shell

Application date	Application method	Precipitation 24 hours prior	Precipitation during application	Precipitation 24 hours following
04/10/2023	Surface (irrigation)	No precipitation	No precipitation	No precipitation

Source description	Material type	N (lbs/acre)	P (lbs/acre)	K (lbs/acre)	Salt (lbs/acre)	Amount
IW 3	Ground water	1.68	0.00	0.00	138.88	5,495,000.00 *gal*
Application event totals		1.68	0.00	0.00	138.88	

04/23/2023	Sidedress	No precipitation	No precipitation	No precipitation

Source description	Material type	N (lbs/acre)	P (lbs/acre)	K (lbs/acre)	Salt (lbs/acre)	Amount
Triple 15	Solid commercial fertilizer	12.00	12.00	12.00	0.00	
Application event totals		12.00	12.00	12.00	0.00	

04/25/2023	Surface (irrigation)	No precipitation	No precipitation	No precipitation

Source description	Material type	N (lbs/acre)	P (lbs/acre)	K (lbs/acre)	Salt (lbs/acre)	Amount
IW 3	Ground water	1.68	0.00	0.00	138.88	5,495,000.00 *gal*
Application event totals		1.68	0.00	0.00	138.88	

05/10/2023	Surface (irrigation)	No precipitation	No precipitation	No precipitation

Source description	Material type	N (lbs/acre)	P (lbs/acre)	K (lbs/acre)	Salt (lbs/acre)	Amount
IW 3	Ground water	1.68	0.00	0.00	138.88	5,495,000.00 *gal*
Application event totals		1.68	0.00	0.00	138.88	

05/23/2023	Sidedress	No precipitation	No precipitation	No precipitation

Source description	Material type	N (lbs/acre)	P (lbs/acre)	K (lbs/acre)	Salt (lbs/acre)	Amount
Triple 15	Solid commercial fertilizer	12.00	12.00	12.00	0.00	
Application event totals		12.00	12.00	12.00	0.00	

05/25/2023	Surface (irrigation)	No precipitation	No precipitation	No precipitation

Source description	Material type	N (lbs/acre)	P (lbs/acre)	K (lbs/acre)	Salt (lbs/acre)	Amount
IW 3	Ground water	1.68	0.00	0.00	138.88	5,495,000.00 *gal*
Application event totals		1.68	0.00	0.00	138.88	

Field 3 - 02/03/2022: Almond, in shell

Application date	Application method	Precipitation 24 hours prior	Precipitation during application	Precipitation 24 hours following
06/09/2023	Surface (irrigation)	No precipitation	No precipitation	No precipitation

Source description	Material type	N (lbs/acre)	P (lbs/acre)	K (lbs/acre)	Salt (lbs/acre)	Amount
IW 3	Ground water	1.82	0.00	0.00	150.73	5,964,000.00 *gal*
Application event totals		1.82	0.00	0.00	150.73	

06/22/2023	Sidedress	No precipitation	No precipitation	No precipitation

Source description	Material type	N (lbs/acre)	P (lbs/acre)	K (lbs/acre)	Salt (lbs/acre)	Amount
Triple 15	Solid commercial fertilizer	12.00	12.00	12.00	0.00	
Application event totals		12.00	12.00	12.00	0.00	

06/24/2023	Surface (irrigation)	No precipitation	No precipitation	No precipitation

Source description	Material type	N (lbs/acre)	P (lbs/acre)	K (lbs/acre)	Salt (lbs/acre)	Amount
IW 3	Ground water	1.82	0.00	0.00	150.73	5,964,000.00 *gal*
Application event totals		1.82	0.00	0.00	150.73	

07/09/2023	Surface (irrigation)	No precipitation	No precipitation	No precipitation

Source description	Material type	N (lbs/acre)	P (lbs/acre)	K (lbs/acre)	Salt (lbs/acre)	Amount
IW 3	Ground water	1.82	0.00	0.00	150.73	5,964,000.00 *gal*
Application event totals		1.82	0.00	0.00	150.73	

07/24/2023	Surface (irrigation)	No precipitation	No precipitation	No precipitation

Source description	Material type	N (lbs/acre)	P (lbs/acre)	K (lbs/acre)	Salt (lbs/acre)	Amount
IW 3	Ground water	1.82	0.00	0.00	150.73	5,964,000.00 *gal*
Application event totals		1.82	0.00	0.00	150.73	

08/08/2023	Surface (irrigation)	No precipitation	No precipitation	No precipitation

Source description	Material type	N (lbs/acre)	P (lbs/acre)	K (lbs/acre)	Salt (lbs/acre)	Amount
IW 3	Ground water	1.82	0.00	0.00	150.73	5,964,000.00 *gal*
Application event totals		1.82	0.00	0.00	150.73	

Field 3 - 02/03/2022: Almond, in shell

Application date	Application method	Precipitation 24 hours prior	Precipitation during application	Precipitation 24 hours following
08/21/2023	Sidedress	No precipitation	No precipitation	No precipitation

Source description	Material type	N (lbs/acre)	P (lbs/acre)	K (lbs/acre)	Salt (lbs/acre)	Amount
Triple 15	Solid commercial fertilizer	12.00	12.00	12.00	0.00	
Application event totals		12.00	12.00	12.00	0.00	

Application date	Application method	Precipitation 24 hours prior	Precipitation during application	Precipitation 24 hours following
08/23/2023	Surface (irrigation)	No precipitation	No precipitation	No precipitation

Source description	Material type	N (lbs/acre)	P (lbs/acre)	K (lbs/acre)	Salt (lbs/acre)	Amount
IW 3	Ground water	1.82	0.00	0.00	150.73	5,964,000.00 *gal*
Application event totals		1.82	0.00	0.00	150.73	

Application date	Application method	Precipitation 24 hours prior	Precipitation during application	Precipitation 24 hours following
09/07/2023	Surface (irrigation)	No precipitation	No precipitation	No precipitation

Source description	Material type	N (lbs/acre)	P (lbs/acre)	K (lbs/acre)	Salt (lbs/acre)	Amount
IW 3	Ground water	1.82	0.00	0.00	150.73	5,964,000.00 *gal*
Application event totals		1.82	0.00	0.00	150.73	

Application date	Application method	Precipitation 24 hours prior	Precipitation during application	Precipitation 24 hours following
09/20/2023	Surface (irrigation)	No precipitation	No precipitation	No precipitation

Source description	Material type	N (lbs/acre)	P (lbs/acre)	K (lbs/acre)	Salt (lbs/acre)	Amount
IW 3	Ground water	1.82	0.00	0.00	150.73	5,964,000.00 *gal*
Application event totals		1.82	0.00	0.00	150.73	

Application date	Application method	Precipitation 24 hours prior	Precipitation during application	Precipitation 24 hours following
10/04/2023	Surface (irrigation)	No precipitation	No precipitation	No precipitation

Source description	Material type	N (lbs/acre)	P (lbs/acre)	K (lbs/acre)	Salt (lbs/acre)	Amount
IW 3	Ground water	1.82	0.00	0.00	150.73	5,964,000.00 *gal*
Application event totals		1.82	0.00	0.00	150.73	

Field 4 - 02/01/2020: Almond, in shell

Field name: Field 4

Crop: Almond, in shell

Plant date: 02/01/2020

Application date	Application method	Precipitation 24 hours prior	Precipitation during application	Precipitation 24 hours following

Field 4 - 02/01/2020: Almond, in shell

Application date	Application method	Precipitation 24 hours prior	Precipitation during application	Precipitation 24 hours following
03/02/2023	Sidedress	No precipitation	No precipitation	No precipitation

Source description	Material type	N (lbs/acre)	P (lbs/acre)	K (lbs/acre)	Salt (lbs/acre)	Amount
CAN17	Solid commercial fertilizer	25.50	0.00	0.00	0.00	
Application event totals		25.50	0.00	0.00	0.00	

04/05/2023	Surface (irrigation)	No precipitation	No precipitation	No precipitation

Source description	Material type	N (lbs/acre)	P (lbs/acre)	K (lbs/acre)	Salt (lbs/acre)	Amount
IW 2	Ground water	2.28	0.00	0.00	180.63	3,120,000.00 *gal*
Application event totals		2.28	0.00	0.00	180.63	

04/20/2023	Sidedress	No precipitation	No precipitation	No precipitation

Source description	Material type	N (lbs/acre)	P (lbs/acre)	K (lbs/acre)	Salt (lbs/acre)	Amount
UN32	Solid commercial fertilizer	22.40	0.00	0.00	0.00	
Application event totals		22.40	0.00	0.00	0.00	

04/20/2023	Surface (irrigation)	No precipitation	No precipitation	No precipitation

Source description	Material type	N (lbs/acre)	P (lbs/acre)	K (lbs/acre)	Salt (lbs/acre)	Amount
IW 2	Ground water	2.28	0.00	0.00	180.63	3,120,000.00 *gal*
Application event totals		2.28	0.00	0.00	180.63	

05/05/2023	Surface (irrigation)	No precipitation	No precipitation	No precipitation

Source description	Material type	N (lbs/acre)	P (lbs/acre)	K (lbs/acre)	Salt (lbs/acre)	Amount
IW 2	Ground water	2.28	0.00	0.00	180.63	3,120,000.00 *gal*
Application event totals		2.28	0.00	0.00	180.63	

05/20/2023	Sidedress	No precipitation	No precipitation	No precipitation

Source description	Material type	N (lbs/acre)	P (lbs/acre)	K (lbs/acre)	Salt (lbs/acre)	Amount
UN32	Solid commercial fertilizer	22.40	0.00	0.00	0.00	
Application event totals		22.40	0.00	0.00	0.00	

Field 4 - 02/01/2020: Almond, in shell

Application date	Application method	Precipitation 24 hours prior	Precipitation during application	Precipitation 24 hours following
05/20/2023	Surface (irrigation)	No precipitation	No precipitation	No precipitation

Source description	Material type	N (lbs/acre)	P (lbs/acre)	K (lbs/acre)	Salt (lbs/acre)	Amount
IW 2	Ground water	2.28	0.00	0.00	180.63	3,120,000.00 *gal*
Application event totals		2.28	0.00	0.00	180.63	

Application date	Application method	Precipitation 24 hours prior	Precipitation during application	Precipitation 24 hours following
06/04/2023	Surface (irrigation)	No precipitation	No precipitation	No precipitation

Source description	Material type	N (lbs/acre)	P (lbs/acre)	K (lbs/acre)	Salt (lbs/acre)	Amount
IW 2	Ground water	2.32	0.00	0.00	184.33	3,184,000.00 *gal*
Application event totals		2.32	0.00	0.00	184.33	

Application date	Application method	Precipitation 24 hours prior	Precipitation during application	Precipitation 24 hours following
06/19/2023	Surface (irrigation)	No precipitation	No precipitation	No precipitation

Source description	Material type	N (lbs/acre)	P (lbs/acre)	K (lbs/acre)	Salt (lbs/acre)	Amount
IW 2	Ground water	2.32	0.00	0.00	184.33	3,184,000.00 *gal*
Application event totals		2.32	0.00	0.00	184.33	

Application date	Application method	Precipitation 24 hours prior	Precipitation during application	Precipitation 24 hours following
07/04/2023	Surface (irrigation)	No precipitation	No precipitation	No precipitation

Source description	Material type	N (lbs/acre)	P (lbs/acre)	K (lbs/acre)	Salt (lbs/acre)	Amount
IW 2	Ground water	2.32	0.00	0.00	184.33	3,184,000.00 *gal*
Application event totals		2.32	0.00	0.00	184.33	

Application date	Application method	Precipitation 24 hours prior	Precipitation during application	Precipitation 24 hours following
07/19/2023	Surface (irrigation)	No precipitation	No precipitation	No precipitation

Source description	Material type	N (lbs/acre)	P (lbs/acre)	K (lbs/acre)	Salt (lbs/acre)	Amount
IW 2	Ground water	2.32	0.00	0.00	184.33	3,184,000.00 *gal*
Application event totals		2.32	0.00	0.00	184.33	

Application date	Application method	Precipitation 24 hours prior	Precipitation during application	Precipitation 24 hours following
08/03/2023	Surface (irrigation)	No precipitation	No precipitation	No precipitation

Source description	Material type	N (lbs/acre)	P (lbs/acre)	K (lbs/acre)	Salt (lbs/acre)	Amount
IW 2	Ground water	2.32	0.00	0.00	184.33	3,184,000.00 *gal*
Application event totals		2.32	0.00	0.00	184.33	

Field 4 - 02/01/2020: Almond, in shell

Application date	Application method	Precipitation 24 hours prior	Precipitation during application	Precipitation 24 hours following
08/18/2023	Surface (irrigation)	No precipitation	No precipitation	No precipitation

Source description	Material type	N (lbs/acre)	P (lbs/acre)	K (lbs/acre)	Salt (lbs/acre)	Amount
IW 2	Ground water	2.32	0.00	0.00	184.33	3,184,000.00 *gal*
Application event totals		2.32	0.00	0.00	184.33	

Application date	Application method	Precipitation 24 hours prior	Precipitation during application	Precipitation 24 hours following
09/02/2023	Surface (irrigation)	No precipitation	No precipitation	No precipitation

Source description	Material type	N (lbs/acre)	P (lbs/acre)	K (lbs/acre)	Salt (lbs/acre)	Amount
IW 2	Ground water	2.32	0.00	0.00	184.33	3,184,000.00 *gal*
Application event totals		2.32	0.00	0.00	184.33	

Application date	Application method	Precipitation 24 hours prior	Precipitation during application	Precipitation 24 hours following
09/17/2023	Surface (irrigation)	No precipitation	No precipitation	No precipitation

Source description	Material type	N (lbs/acre)	P (lbs/acre)	K (lbs/acre)	Salt (lbs/acre)	Amount
IW 2	Ground water	2.32	0.00	0.00	184.33	3,184,000.00 *gal*
Application event totals		2.32	0.00	0.00	184.33	

Field 5 - 02/05/2019: Almond, in shell

Field name: Field 5

Crop: Almond, in shell

Plant date: 02/05/2019

Application date	Application method	Precipitation 24 hours prior	Precipitation during application	Precipitation 24 hours following
10/28/2022	Broadcast/incorporate	No precipitation	No precipitation	No precipitation

Source description	Material type	N (lbs/acre)	P (lbs/acre)	K (lbs/acre)	Salt (lbs/acre)	Amount
Corral Solids	Corral solids	50.13	22.84	109.06	1,220.16	152.00 *ton*
Application event totals		50.13	22.84	109.06	1,220.16	

Application date	Application method	Precipitation 24 hours prior	Precipitation during application	Precipitation 24 hours following
03/02/2023	Sidedress	No precipitation	No precipitation	No precipitation

Source description	Material type	N (lbs/acre)	P (lbs/acre)	K (lbs/acre)	Salt (lbs/acre)	Amount
CAN17	Solid commercial fertilizer	34.00	0.00	0.00	0.00	
Application event totals		34.00	0.00	0.00	0.00	

Field 5 - 02/05/2019: Almond, in shell

Application date	Application method	Precipitation 24 hours prior	Precipitation during application	Precipitation 24 hours following
04/07/2023	Surface (irrigation)	No precipitation	No precipitation	No precipitation

Source description	Material type	N (lbs/acre)	P (lbs/acre)	K (lbs/acre)	Salt (lbs/acre)	Amount
IW 2	Ground water	2.30	0.00	0.00	182.02	6,779,250.00 *gal*
Application event totals		2.30	0.00	0.00	182.02	

04/22/2023	Sidedress	No precipitation	No precipitation	No precipitation

Source description	Material type	N (lbs/acre)	P (lbs/acre)	K (lbs/acre)	Salt (lbs/acre)	Amount
UN32	Solid commercial fertilizer	32.00	0.00	0.00	0.00	
Application event totals		32.00	0.00	0.00	0.00	

04/22/2023	Surface (irrigation)	No precipitation	No precipitation	No precipitation

Source description	Material type	N (lbs/acre)	P (lbs/acre)	K (lbs/acre)	Salt (lbs/acre)	Amount
IW 2	Ground water	2.30	0.00	0.00	182.02	6,779,250.00 *gal*
Application event totals		2.30	0.00	0.00	182.02	

05/07/2023	Surface (irrigation)	No precipitation	No precipitation	No precipitation

Source description	Material type	N (lbs/acre)	P (lbs/acre)	K (lbs/acre)	Salt (lbs/acre)	Amount
IW 2	Ground water	2.30	0.00	0.00	182.02	6,779,250.00 *gal*
Application event totals		2.30	0.00	0.00	182.02	

05/22/2023	Sidedress	No precipitation	No precipitation	No precipitation

Source description	Material type	N (lbs/acre)	P (lbs/acre)	K (lbs/acre)	Salt (lbs/acre)	Amount
UN32	Solid commercial fertilizer	32.00	0.00	0.00	0.00	
Application event totals		32.00	0.00	0.00	0.00	

05/22/2023	Surface (irrigation)	No precipitation	No precipitation	No precipitation

Source description	Material type	N (lbs/acre)	P (lbs/acre)	K (lbs/acre)	Salt (lbs/acre)	Amount
IW 2	Ground water	2.30	0.00	0.00	182.02	6,779,250.00 *gal*
Application event totals		2.30	0.00	0.00	182.02	

Field 5 - 02/05/2019: Almond, in shell

Application date	Application method	Precipitation 24 hours prior	Precipitation during application	Precipitation 24 hours following
06/06/2023	Surface (irrigation)	No precipitation	No precipitation	No precipitation

Source description	Material type	N (lbs/acre)	P (lbs/acre)	K (lbs/acre)	Salt (lbs/acre)	Amount
IW 2	Ground water	2.32	0.00	0.00	184.33	6,865,500.00 *gal*
Application event totals		2.32	0.00	0.00	184.33	

06/21/2023	Surface (irrigation)	No precipitation	No precipitation	No precipitation

Source description	Material type	N (lbs/acre)	P (lbs/acre)	K (lbs/acre)	Salt (lbs/acre)	Amount
IW 2	Ground water	2.32	0.00	0.00	184.33	6,865,500.00 *gal*
Application event totals		2.32	0.00	0.00	184.33	

07/06/2023	Surface (irrigation)	No precipitation	No precipitation	No precipitation

Source description	Material type	N (lbs/acre)	P (lbs/acre)	K (lbs/acre)	Salt (lbs/acre)	Amount
IW 2	Ground water	2.32	0.00	0.00	184.33	6,865,500.00 *gal*
Application event totals		2.32	0.00	0.00	184.33	

07/21/2023	Surface (irrigation)	No precipitation	No precipitation	No precipitation

Source description	Material type	N (lbs/acre)	P (lbs/acre)	K (lbs/acre)	Salt (lbs/acre)	Amount
IW 2	Ground water	2.32	0.00	0.00	184.33	6,865,500.00 *gal*
Application event totals		2.32	0.00	0.00	184.33	

08/05/2023	Surface (irrigation)	No precipitation	No precipitation	No precipitation

Source description	Material type	N (lbs/acre)	P (lbs/acre)	K (lbs/acre)	Salt (lbs/acre)	Amount
IW 2	Ground water	2.32	0.00	0.00	184.33	6,865,500.00 *gal*
Application event totals		2.32	0.00	0.00	184.33	

08/20/2023	Surface (irrigation)	No precipitation	No precipitation	No precipitation

Source description	Material type	N (lbs/acre)	P (lbs/acre)	K (lbs/acre)	Salt (lbs/acre)	Amount
IW 2	Ground water	2.32	0.00	0.00	184.33	6,865,500.00 *gal*
Application event totals		2.32	0.00	0.00	184.33	

Field 5 - 02/05/2019: Almond, in shell

Application date	Application method	Precipitation 24 hours prior	Precipitation during application	Precipitation 24 hours following
09/04/2023	Surface (irrigation)	No precipitation	No precipitation	No precipitation

Source description	Material type	N (lbs/acre)	P (lbs/acre)	K (lbs/acre)	Salt (lbs/acre)	Amount
IW 2	Ground water	2.32	0.00	0.00	184.33	6,865,500.00 *gal*
Application event totals		2.32	0.00	0.00	184.33	

09/17/2023	Surface (irrigation)	No precipitation	No precipitation	No precipitation

Source description	Material type	N (lbs/acre)	P (lbs/acre)	K (lbs/acre)	Salt (lbs/acre)	Amount
IW 2	Ground water	2.32	0.00	0.00	184.33	6,865,500.00 *gal*
Application event totals		2.32	0.00	0.00	184.33	

Field 6 - 02/03/2022: Almond, in shell

Field name: Field 6

Crop: Almond, in shell

Plant date: 02/03/2022

Application date	Application method	Precipitation 24 hours prior	Precipitation during application	Precipitation 24 hours following
04/10/2023	Surface (irrigation)	No precipitation	No precipitation	No precipitation

Source description	Material type	N (lbs/acre)	P (lbs/acre)	K (lbs/acre)	Salt (lbs/acre)	Amount
IW 2	Ground water	1.83	0.00	0.00	145.43	549,500.00 *gal*
Application event totals		1.83	0.00	0.00	145.43	

04/23/2023	Sidedress	No precipitation	No precipitation	No precipitation

Source description	Material type	N (lbs/acre)	P (lbs/acre)	K (lbs/acre)	Salt (lbs/acre)	Amount
Triple 15	Solid commercial fertilizer	12.00	12.00	12.00	0.00	
Application event totals		12.00	12.00	12.00	0.00	

04/25/2023	Surface (irrigation)	No precipitation	No precipitation	No precipitation

Source description	Material type	N (lbs/acre)	P (lbs/acre)	K (lbs/acre)	Salt (lbs/acre)	Amount
IW 2	Ground water	1.83	0.00	0.00	145.43	549,500.00 *gal*
Application event totals		1.83	0.00	0.00	145.43	

Field 6 - 02/03/2022: Almond, in shell

Application date	Application method	Precipitation 24 hours prior	Precipitation during application	Precipitation 24 hours following
05/10/2023	Surface (irrigation)	No precipitation	No precipitation	No precipitation

Source description	Material type	N (lbs/acre)	P (lbs/acre)	K (lbs/acre)	Salt (lbs/acre)	Amount
IW 2	Ground water	1.83	0.00	0.00	145.43	549,500.00 *gal*
Application event totals		1.83	0.00	0.00	145.43	

Application date	Application method	Precipitation 24 hours prior	Precipitation during application	Precipitation 24 hours following
05/23/2023	Sidedress	No precipitation	No precipitation	No precipitation

Source description	Material type	N (lbs/acre)	P (lbs/acre)	K (lbs/acre)	Salt (lbs/acre)	Amount
Triple 15	Solid commercial fertilizer	12.00	12.00	12.00	0.00	
Application event totals		12.00	12.00	12.00	0.00	

Application date	Application method	Precipitation 24 hours prior	Precipitation during application	Precipitation 24 hours following
05/25/2023	Surface (irrigation)	No precipitation	No precipitation	No precipitation

Source description	Material type	N (lbs/acre)	P (lbs/acre)	K (lbs/acre)	Salt (lbs/acre)	Amount
IW 2	Ground water	1.83	0.00	0.00	145.43	549,500.00 *gal*
Application event totals		1.83	0.00	0.00	145.43	

Application date	Application method	Precipitation 24 hours prior	Precipitation during application	Precipitation 24 hours following
06/09/2023	Surface (irrigation)	No precipitation	No precipitation	No precipitation

Source description	Material type	N (lbs/acre)	P (lbs/acre)	K (lbs/acre)	Salt (lbs/acre)	Amount
IW 2	Ground water	1.99	0.00	0.00	157.84	596,400.00 *gal*
Application event totals		1.99	0.00	0.00	157.84	

Application date	Application method	Precipitation 24 hours prior	Precipitation during application	Precipitation 24 hours following
06/22/2023	Sidedress	No precipitation	No precipitation	No precipitation

Source description	Material type	N (lbs/acre)	P (lbs/acre)	K (lbs/acre)	Salt (lbs/acre)	Amount
Triple 15	Solid commercial fertilizer	12.00	12.00	12.00	0.00	
Application event totals		12.00	12.00	12.00	0.00	

Application date	Application method	Precipitation 24 hours prior	Precipitation during application	Precipitation 24 hours following
06/24/2023	Surface (irrigation)	No precipitation	No precipitation	No precipitation

Source description	Material type	N (lbs/acre)	P (lbs/acre)	K (lbs/acre)	Salt (lbs/acre)	Amount
IW 2	Ground water	1.99	0.00	0.00	157.84	596,400.00 *gal*
Application event totals		1.99	0.00	0.00	157.84	

Field 6 - 02/03/2022: Almond, in shell

Application date	Application method	Precipitation 24 hours prior	Precipitation during application	Precipitation 24 hours following
07/09/2023	Surface (irrigation)	No precipitation	No precipitation	No precipitation

Source description	Material type	N (lbs/acre)	P (lbs/acre)	K (lbs/acre)	Salt (lbs/acre)	Amount
IW 2	Ground water	1.99	0.00	0.00	157.84	596,400.00 *gal*
Application event totals		1.99	0.00	0.00	157.84	

07/24/2023	Surface (irrigation)	No precipitation	No precipitation	No precipitation

Source description	Material type	N (lbs/acre)	P (lbs/acre)	K (lbs/acre)	Salt (lbs/acre)	Amount
IW 2	Ground water	1.99	0.00	0.00	157.84	596,400.00 *gal*
Application event totals		1.99	0.00	0.00	157.84	

08/08/2023	Surface (irrigation)	No precipitation	No precipitation	No precipitation

Source description	Material type	N (lbs/acre)	P (lbs/acre)	K (lbs/acre)	Salt (lbs/acre)	Amount
IW 2	Ground water	1.99	0.00	0.00	157.84	596,400.00 *gal*
Application event totals		1.99	0.00	0.00	157.84	

08/21/2023	Sidedress	No precipitation	No precipitation	No precipitation

Source description	Material type	N (lbs/acre)	P (lbs/acre)	K (lbs/acre)	Salt (lbs/acre)	Amount
Triple 15	Solid commercial fertilizer	12.00	12.00	12.00	0.00	
Application event totals		12.00	12.00	12.00	0.00	

08/23/2023	Surface (irrigation)	No precipitation	No precipitation	No precipitation

Source description	Material type	N (lbs/acre)	P (lbs/acre)	K (lbs/acre)	Salt (lbs/acre)	Amount
IW 2	Ground water	1.99	0.00	0.00	157.84	596,400.00 *gal*
Application event totals		1.99	0.00	0.00	157.84	

09/07/2023	Surface (irrigation)	No precipitation	No precipitation	No precipitation

Source description	Material type	N (lbs/acre)	P (lbs/acre)	K (lbs/acre)	Salt (lbs/acre)	Amount
IW 2	Ground water	1.99	0.00	0.00	146.75	596,400.00 *gal*
Application event totals		1.99	0.00	0.00	146.75	

Field 6 - 02/03/2022: Almond, in shell

Application date	Application method	Precipitation 24 hours prior	Precipitation during application	Precipitation 24 hours following
09/20/2023	Surface (irrigation)	No precipitation	No precipitation	No precipitation

Source description	Material type	N (lbs/acre)	P (lbs/acre)	K (lbs/acre)	Salt (lbs/acre)	Amount
IW 2	Ground water	1.99	0.00	0.00	157.84	596,400.00 *gal*
Application event totals		1.99	0.00	0.00	157.84	

10/04/2023	Surface (irrigation)	No precipitation	No precipitation	No precipitation

Source description	Material type	N (lbs/acre)	P (lbs/acre)	K (lbs/acre)	Salt (lbs/acre)	Amount
IW 2	Ground water	1.99	0.00	0.00	157.84	596,400.00 *gal*
Application event totals		1.99	0.00	0.00	157.84	

B. NUTRIENT BUDGET

Field 1 - 10/30/2002: Oats, silage-soft dough

Field name: Field 1 Crop: Oats, silage-soft dough Plant date: 10/30/2002

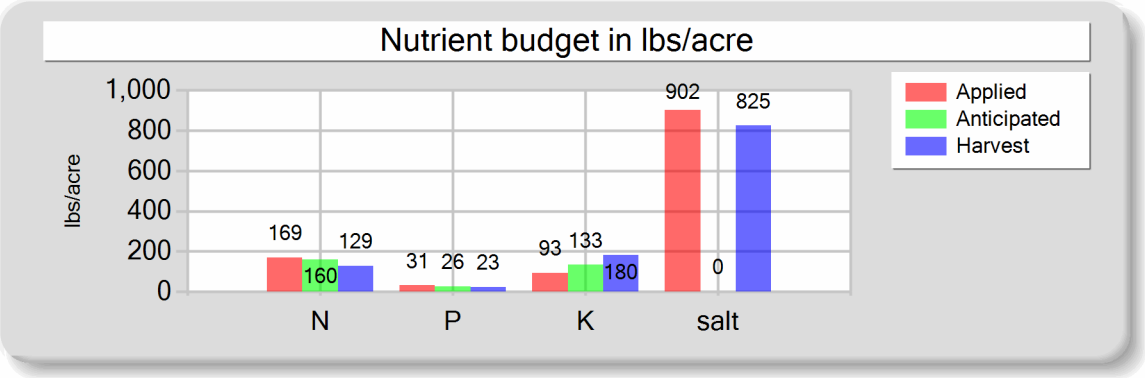

	Total N (lbs/acre)	Total P (lbs/acre)	Total K (lbs/acre)	Total salt (lbs/acre)
Existing soil nutrient content	0.00	0.00	0.00	0.00
Plowdown credit	0.00	0.00	0.00	0.00
Commercial fertilizer / Other	0.00	0.00	0.00	0.00
Dry manure	159.02	30.64	93.20	664.05
Process wastewater	0.00	0.00	0.00	0.00
Fresh water	2.98	0.00	0.00	237.60
Atmospheric deposition	7.00	0.00	0.00	0.00
Total nutrients applied	169.01	30.64	93.20	901.65
Anticipated crop nutrient removal	160.00	25.60	132.80	0.00
Actual crop nutrient removal	128.70	22.75	180.38	824.56
Nutrient balance	40.31	7.89	-87.18	77.09
Applied to removed ratio	1.31	1.35	0.52	1.09

Fresh water applied	
6,150,000.00	*gallons*
226.48	*acre-inches*
4.19	*inches/acre*

Process wastewater applied	
0.00	*gallons*
0.00	*acre-inches*
0.00	*inches/acre*

Total harvests for the crop	
1	*harvests*

Field 1 - 06/02/2023: Corn, silage

Field name: Field 1 Crop: Corn, silage Plant date: 06/02/2023

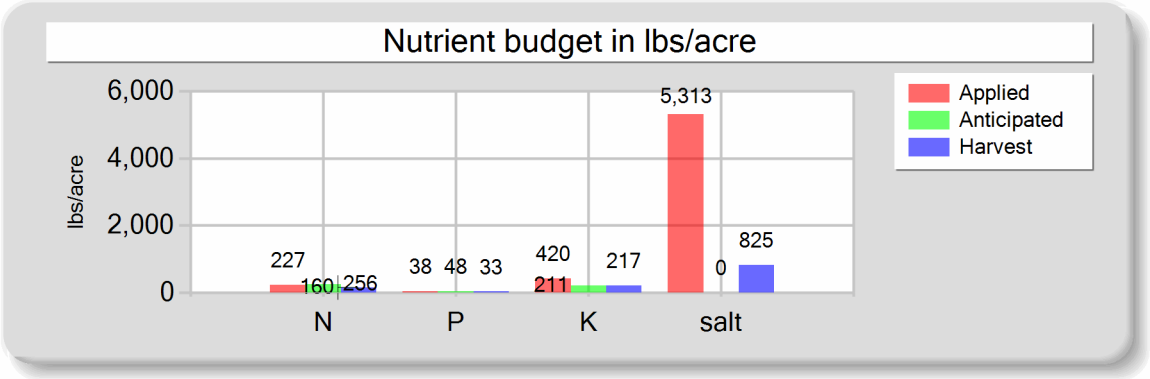

	Total N (lbs/acre)	Total P (lbs/acre)	Total K (lbs/acre)	Total salt (lbs/acre)
Existing soil nutrient content	0.00	0.00	0.00	0.00
Plowdown credit	0.00	0.00	0.00	0.00
Commercial fertilizer / Other	8.00	0.00	0.00	0.00
Dry manure	0.00	0.00	0.00	0.00
Process wastewater	197.94	37.79	420.42	4,070.69
Fresh water	14.17	0.00	0.00	1,242.55
Atmospheric deposition	7.00	0.00	0.00	0.00
Total nutrients applied	227.11	37.79	420.42	5,313.24
Anticipated crop nutrient removal	256.00	48.00	211.20	0.00
Actual crop nutrient removal	159.66	32.91	216.94	825.40
Nutrient balance	67.46	4.88	203.48	4,487.84
Applied to removed ratio	1.42	1.15	1.94	6.44

Fresh water applied	
33,225,000.00	*gallons*
1,223.56	*acre-inches*
22.66	*inches/acre*

Process wastewater applied	
5,940,000.00	*gallons*
218.75	*acre-inches*
4.05	*inches/acre*

Total harvests for the crop	
1	*harvests*

Field 2 - 10/30/2022: Oats, silage-soft dough

Field name: Field 2 Crop: Oats, silage-soft dough Plant date: 10/30/2022

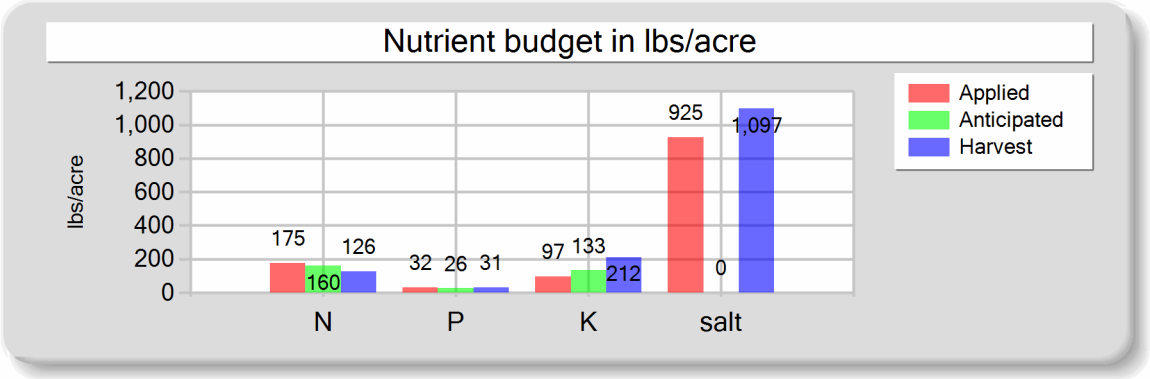

	Total N (lbs/acre)	Total P (lbs/acre)	Total K (lbs/acre)	Total salt (lbs/acre)
Existing soil nutrient content	0.00	0.00	0.00	0.00
Plowdown credit	0.00	0.00	0.00	0.00
Commercial fertilizer / Other	0.00	0.00	0.00	0.00
Dry manure	165.38	31.87	96.93	690.61
Process wastewater	0.00	0.00	0.00	0.00
Fresh water	2.95	0.00	0.00	234.70
Atmospheric deposition	7.00	0.00	0.00	0.00
Total nutrients applied	175.33	31.87	96.93	925.32
Anticipated crop nutrient removal	160.00	25.60	132.80	0.00
Actual crop nutrient removal	126.43	30.55	212.23	1,096.52
Nutrient balance	48.91	1.32	-115.30	-171.21
Applied to removed ratio	1.39	1.04	0.46	0.84

Fresh water applied	
1,125,000.00	*gallons*
41.43	*acre-inches*
4.14	*inches/acre*

Process wastewater applied	
0.00	*gallons*
0.00	*acre-inches*
0.00	*inches/acre*

Total harvests for the crop	
1	*harvests*

Field 2 - 06/02/2023: Corn, silage

Field name: Field 2 Crop: Corn, silage Plant date: 06/02/2023

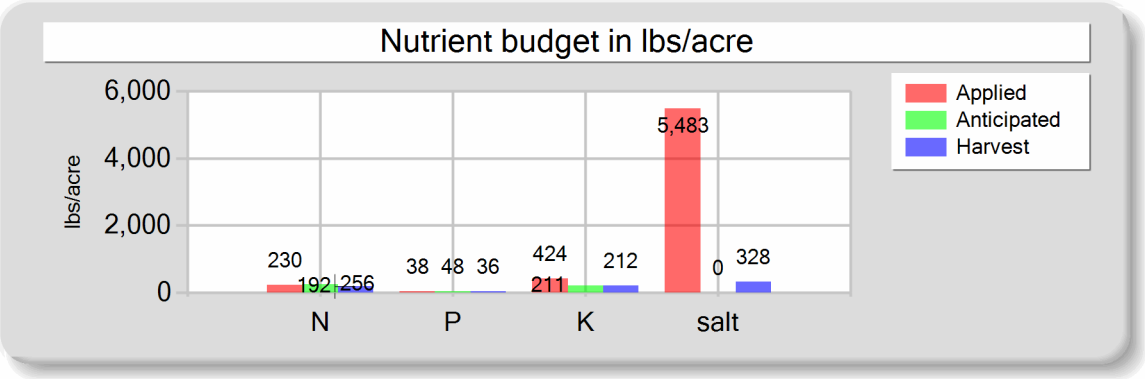

	Total N (lbs/acre)	Total P (lbs/acre)	Total K (lbs/acre)	Total salt (lbs/acre)
Existing soil nutrient content	0.00	0.00	0.00	0.00
Plowdown credit	0.00	0.00	0.00	0.00
Commercial fertilizer / Other	8.00	0.00	0.00	0.00
Dry manure	0.00	0.00	0.00	0.00
Process wastewater	199.48	38.16	423.64	4,097.23
Fresh water	15.81	0.00	0.00	1,385.88
Atmospheric deposition	7.00	0.00	0.00	0.00
Total nutrients applied	230.28	38.16	423.64	5,483.10
Anticipated crop nutrient removal	256.00	48.00	211.20	0.00
Actual crop nutrient removal	191.84	35.93	211.93	327.64
Nutrient balance	38.45	2.22	211.71	5,155.46
Applied to removed ratio	1.20	1.06	2.00	16.74

Fresh water applied	
6,862,500.00	*gallons*
252.72	*acre-inches*
25.27	*inches/acre*

Process wastewater applied	
1,110,000.00	*gallons*
40.88	*acre-inches*
4.09	*inches/acre*

Total harvests for the crop	
1	*harvests*

Field 3 - 02/03/2022: Almond, in shell

Field name: Field 3 Crop: Almond, in shell Plant date: 02/03/2022

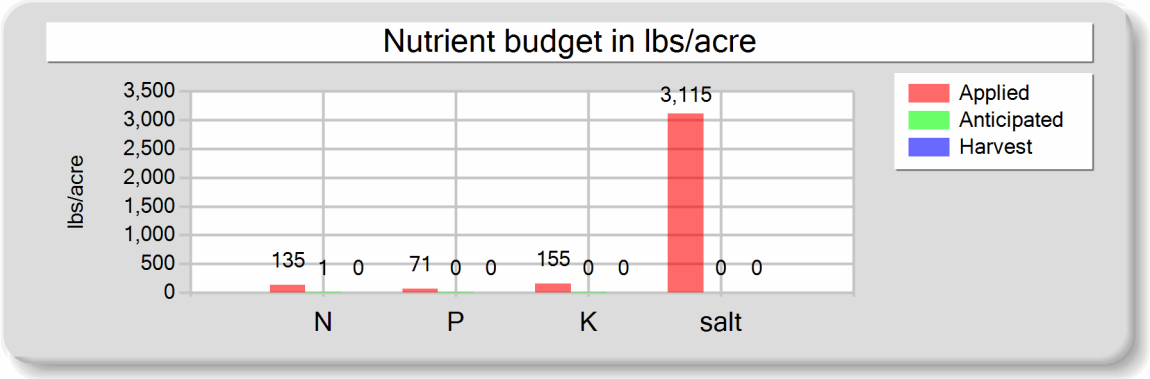

	Total N (lbs/acre)	Total P (lbs/acre)	Total K (lbs/acre)	Total salt (lbs/acre)
Existing soil nutrient content	0.00	0.00	0.00	0.00
Plowdown credit	0.00	0.00	0.00	0.00
Commercial fertilizer / Other	48.00	48.00	48.00	0.00
Dry manure	49.41	22.51	107.50	1,202.73
Process wastewater	0.00	0.00	0.00	0.00
Fresh water	23.09	0.00	0.00	1,912.09
Atmospheric deposition	14.00	0.00	0.00	0.00
Total nutrients applied	134.50	70.51	155.50	3,114.82
Anticipated crop nutrient removal	1.00	0.10	0.10	0.00
Actual crop nutrient removal	0.00	0.00	0.00	0.00
Nutrient balance	134.50	70.51	155.50	3,114.82
Applied to removed ratio	0.00	0.00	0.00	0.00

Fresh water applied	
75,656,000.00	*gallons*
2,786.15	*acre-inches*
39.80	*inches/acre*

Process wastewater applied	
0.00	*gallons*
0.00	*acre-inches*
0.00	*inches/acre*

Total harvests for the crop	
1	*harvests*

Field 4 - 02/01/2020: Almond, in shell

Field name: Field 4 Crop: Almond, in shell Plant date: 02/01/2020

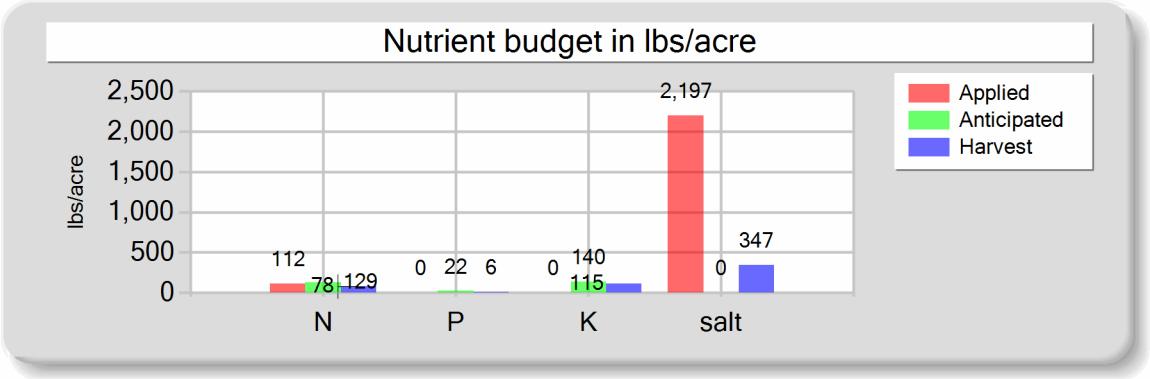

	Total N (lbs/acre)	Total P (lbs/acre)	Total K (lbs/acre)	Total salt (lbs/acre)
Existing soil nutrient content	0.00	0.00	0.00	0.00
Plowdown credit	0.00	0.00	0.00	0.00
Commercial fertilizer / Other	70.30	0.00	0.00	0.00
Dry manure	0.00	0.00	0.00	0.00
Process wastewater	0.00	0.00	0.00	0.00
Fresh water	27.71	0.00	0.00	2,197.17
Atmospheric deposition	14.00	0.00	0.00	0.00
Total nutrients applied	112.01	0.00	0.00	2,197.17
Anticipated crop nutrient removal	129.00	21.90	139.50	0.00
Actual crop nutrient removal	78.39	6.37	114.93	346.69
Nutrient balance	33.63	-6.37	-114.93	1,850.48
Applied to removed ratio	1.43	0.00	0.00	6.34

Fresh water applied	
37,952,000.00	*gallons*
1,397.64	*acre-inches*
43.68	*inches/acre*

Process wastewater applied	
0.00	*gallons*
0.00	*acre-inches*
0.00	*inches/acre*

Total harvests for the crop	
1	*harvests*

Field 5 - 02/05/2019: Almond, in shell

Field name: Field 5 Crop: Almond, in shell Plant date: 02/05/2019

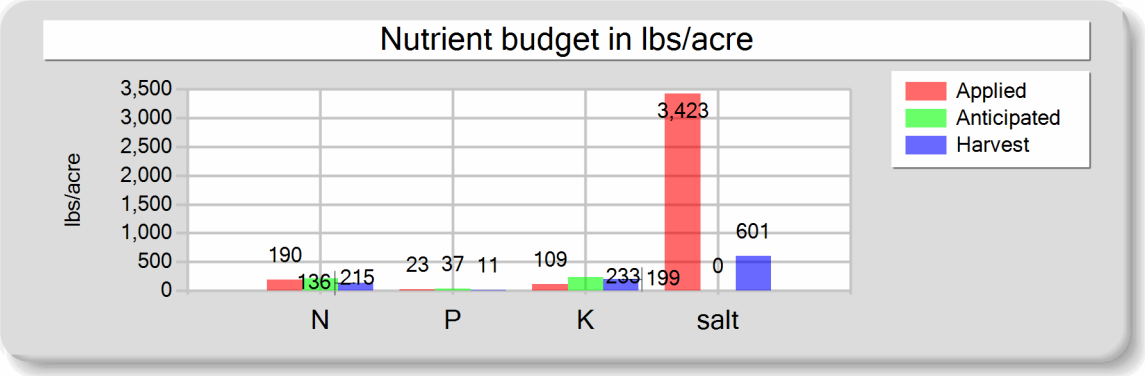

	Total N (lbs/acre)	Total P (lbs/acre)	Total K (lbs/acre)	Total salt (lbs/acre)
Existing soil nutrient content	0.00	0.00	0.00	0.00
Plowdown credit	0.00	0.00	0.00	0.00
Commercial fertilizer / Other	98.00	0.00	0.00	0.00
Dry manure	50.13	22.84	109.06	1,220.16
Process wastewater	0.00	0.00	0.00	0.00
Fresh water	27.78	0.00	0.00	2,202.73
Atmospheric deposition	14.00	0.00	0.00	0.00
Total nutrients applied	189.91	22.84	109.06	3,422.89
Anticipated crop nutrient removal	215.00	36.50	232.50	0.00
Actual crop nutrient removal	135.81	11.03	199.13	600.69
Nutrient balance	54.09	11.81	-90.07	2,822.21
Applied to removed ratio	1.40	2.07	0.55	5.70

Fresh water applied	
82,041,000.00	*gallons*
3,021.29	*acre-inches*
43.79	*inches/acre*

Process wastewater applied	
0.00	*gallons*
0.00	*acre-inches*
0.00	*inches/acre*

Total harvests for the crop	
1	*harvests*

Field 6 - 02/03/2022: Almond, in shell

Field name: Field 6 Crop: Almond, in shell Plant date: 02/03/2022

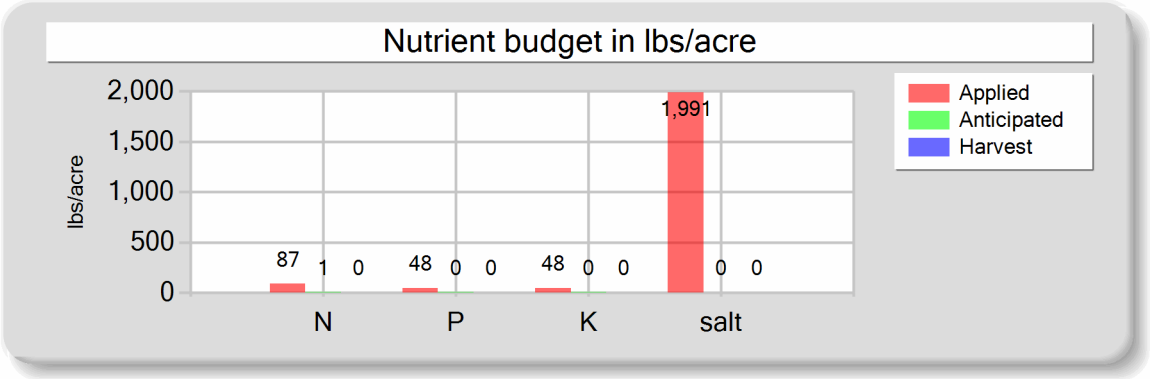

	Total N (lbs/acre)	Total P (lbs/acre)	Total K (lbs/acre)	Total salt (lbs/acre)
Existing soil nutrient content	0.00	0.00	0.00	0.00
Plowdown credit	0.00	0.00	0.00	0.00
Commercial fertilizer / Other	48.00	48.00	48.00	0.00
Dry manure	0.00	0.00	0.00	0.00
Process wastewater	0.00	0.00	0.00	0.00
Fresh water	25.25	0.00	0.00	1,991.19
Atmospheric deposition	14.00	0.00	0.00	0.00
Total nutrients applied	87.25	48.00	48.00	1,991.19
Anticipated crop nutrient removal	1.00	0.10	0.10	0.00
Actual crop nutrient removal	0.00	0.00	0.00	0.00
Nutrient balance	87.25	48.00	48.00	1,991.19
Applied to removed ratio	0.00	0.00	0.00	0.00

Fresh water applied	
7,565,600.00	*gallons*
278.62	*acre-inches*
39.80	*inches/acre*

Process wastewater applied	
0.00	*gallons*
0.00	*acre-inches*
0.00	*inches/acre*

Total harvests for the crop	
1	*harvests*

NUTRIENT ANALYSES

A. MANURE ANALYSES

Corral Solids

Sample and source description: Corral Solids

Sample date: 09/12/2022 Material type: Corral solids Source of analysis: Lab analysis Method of reporting: Dry-weight

Moisture: 44.5 %

	Total N (mg/kg)	Total P (mg/kg)	Total K (mg/kg)	Calcium (mg/kg)	Magnesium (mg/kg)	Sodium (mg/kg)	Sulfur (mg/kg)	Chloride (mg/kg)	Total salt (mg/kg)	TFS (%)
Value	20,500.00	9,340.00	44,600.00	17,300.00	9,800.00	3,210.00	5,700.00	1,170.00		49.90
DL	100.00	100.00	100.00	100.00	100.00	100.00	100.00	50.00		0.01

Corral Solids

Sample and source description: Corral Solids

Sample date: 09/12/2022 Material type: Corral solids Source of analysis: Lab analysis Method of reporting: Dry-weight

Moisture: 27.2 %

	Total N (mg/kg)	Total P (mg/kg)	Total K (mg/kg)	Calcium (mg/kg)	Magnesium (mg/kg)	Sodium (mg/kg)	Sulfur (mg/kg)	Chloride (mg/kg)	Total salt (mg/kg)	TFS (%)
Value	9,600.00	3,700.00	34,600.00	8,400.00	5,000.00	2,100.00	2,300.00	2,100.00		77.20
DL	100.00	100.00	100.00	100.00	100.00	100.00	100.00	50.00		0.01

Separated Solids

Sample and source description: Separated Solids

Sample date: 09/12/2022 Material type: Separator solids Source of analysis: Lab analysis Method of reporting: Dry-weight

Moisture: 76.7 %

	Total N (mg/kg)	Total P (mg/kg)	Total K (mg/kg)	Calcium (mg/kg)	Magnesium (mg/kg)	Sodium (mg/kg)	Sulfur (mg/kg)	Chloride (mg/kg)	Total salt (mg/kg)	TFS (%)
Value	27,300.00	5,260.00	16,000.00							11.40
DL	100.00	100.00	100.00							0.01

Corral Solids

Sample and source description: Corral Solids

Sample date: 10/09/2023 Material type: Corral solids Source of analysis: Lab analysis Method of reporting: Dry-weight

Moisture: 54.5 %

	Total N (mg/kg)	Total P (mg/kg)	Total K (mg/kg)	Calcium (mg/kg)	Magnesium (mg/kg)	Sodium (mg/kg)	Sulfur (mg/kg)	Chloride (mg/kg)	Total salt (mg/kg)	TFS (%)
Value	17,000.00	7,040.00	50,100.00							38.80
DL	100.00	100.00	100.00							0.01

B. PROCESS WASTEWATER ANALYSES

WWQ1

Sample and source description: WWQ1

Sample date: 02/21/2023 Material type: Process wastewater Source of analysis: Lab analysis pH: 0.00

	Kjeldahl-N (mg/L)	NH4-N (mg/L)	NH3-N (mg/L)	Nitrate-N (mg/L)	Total P (mg/L)	Total K (mg/L)	Calcium (mg/L)	Magnes. (mg/L)	Sodium (mg/L)	Bicarb. (mg/L)	Carb. (mg/L)	Sulfate (mg/L)	Chloride (mg/L)	EC (µmhos/cm)	TDS (mg/L)
Value	577.00	120.00	0.00	0.00	55.40	340.00	62.20	41.70	46.90	1,640.00	0.00	123.00	216.00	3,120.00	2,520
DL	0.50	0.50	0.50	0.50	0.50	0.50	0.50	0.50	0.50	0.50	2.00	1.00	0.10	1.00	10

WWQ2

Sample and source description: WWQ2

Sample date: 04/10/2023 Material type: Process wastewater Source of analysis: Lab analysis pH: 0.00

	Kjeldahl-N (mg/L)	NH4-N (mg/L)	NH3-N (mg/L)	Nitrate-N (mg/L)	Total P (mg/L)	Total K (mg/L)	Calcium (mg/L)	Magnes. (mg/L)	Sodium (mg/L)	Bicarb. (mg/L)	Carb. (mg/L)	Sulfate (mg/L)	Chloride (mg/L)	EC (µmhos/cm)	TDS (mg/L)
Value	300.00	182.00	0.00	0.00	33.70	650.00								6,070.00	7,780
DL	0.50	0.50	0.50	0.50	0.50	0.50								1.00	10

WWQ3

Sample and source description: WWQ3

Sample date: 07/26/2023 Material type: Process wastewater Source of analysis: Lab analysis pH: 0.00

	Kjeldahl-N (mg/L)	NH4-N (mg/L)	NH3-N (mg/L)	Nitrate-N (mg/L)	Total P (mg/L)	Total K (mg/L)	Calcium (mg/L)	Magnes. (mg/L)	Sodium (mg/L)	Bicarb. (mg/L)	Carb. (mg/L)	Sulfate (mg/L)	Chloride (mg/L)	EC (µmhos/cm)	TDS (mg/L)
Value	126.00	44.80	0.00	0.00	49.10	254.00								1,630.00	880
DL	0.50	0.50	0.50	0.50	0.50	0.50								1.00	10

WWQ4

Sample and source description: WWQ4

Sample date: 10/30/2023 Material type: Process wastewater Source of analysis: Lab analysis pH: 0.00

	Kjeldahl-N (mg/L)	NH4-N (mg/L)	NH3-N (mg/L)	Nitrate-N (mg/L)	Total P (mg/L)	Total K (mg/L)	Calcium (mg/L)	Magnes. (mg/L)	Sodium (mg/L)	Bicarb. (mg/L)	Carb. (mg/L)	Sulfate (mg/L)	Chloride (mg/L)	EC (µmhos/cm)	TDS (mg/L)
Value	778.00	540.00	0.00	0.00	77.40	1,240.00								9,290.00	7,280
DL	0.50	0.50	0.50	0.50	0.50	0.50								1.00	10

C. FRESH WATER ANALYSES

IW 1

IW #1

Sample description: IW #1

Sample date: 12/14/2023 Source of analysis: Lab analysis

	Total N (mg/L)	NH4-N (mg/L)	Nitrate-N (mg/L)	Calcium (mg/L)	Magnesium (mg/L)	Sodium (mg/L)	Bicarbonate (mg/L)	Carbonate (mg/L)	Sulfate (mg/L)	Chloride (mg/L)	EC (µmhos/cm)	TDS (mg/L)
Value	2.76	0.00	0.00								368.00	242
DL	1.00	0.50	0.50								10.00	10

IW 2

IW 2

IW #2

Sample description: IW #2

Sample date: 12/14/2023 Source of analysis: Lab analysis

	Total N (mg/L)	NH4-N (mg/L)	Nitrate-N (mg/L)	Calcium (mg/L)	Magnesium (mg/L)	Sodium (mg/L)	Bicarbonate (mg/L)	Carbonate (mg/L)	Sulfate (mg/L)	Chloride (mg/L)	EC (µmhos/cm)	TDS (mg/L)
Value	2.80	0.00	0.00								344.00	222
DL	1.00	0.50	0.50								10.00	10

IW 3

IW #3

Sample description: IW #3

Sample date: 12/14/2023 Source of analysis: Lab analysis

	Total N (mg/L)	NH4-N (mg/L)	Nitrate-N (mg/L)	Calcium (mg/L)	Magnesium (mg/L)	Sodium (mg/L)	Bicarbonate (mg/L)	Carbonate (mg/L)	Sulfate (mg/L)	Chloride (mg/L)	EC (µmhos/cm)	TDS (mg/L)
Value	2.56	0.00	0.00								327.00	212
DL	1.00	0.50	0.50								10.00	10

D. SOIL ANALYSES

Field 1

Soil

Sample and source description: Soil

Sample date: 12/05/2023 Source of analysis: Lab analysis

	Nitrate-N (mg/kg)	Total P (mg/kg)	Soluble P (mg/kg)	K (mg/kg)	EC (µmhos/cm)	Organic matter (%)	Total salt (mg/kg)
Value			96.00				
DL			4.00				

Field 2

Soil

Sample and source description: Soil

Sample date: 12/05/2023 Source of analysis: Lab analysis

	Nitrate-N (mg/kg)	Total P (mg/kg)	Soluble P (mg/kg)	K (mg/kg)	EC (µmhos/cm)	Organic matter (%)	Total salt (mg/kg)
Value			96.00				
DL			4.00				

Field 3

Soil

Sample and source description: Soil

Sample date: 12/05/2023 Source of analysis: Lab analysis

	Nitrate-N (mg/kg)	Total P (mg/kg)	Soluble P (mg/kg)	K (mg/kg)	EC (µmhos/cm)	Organic matter (%)	Total salt (mg/kg)
Value			115.00				
DL			4.00				

Field 4

Soil

Sample and source description: Soil

Sample date: 12/05/2023 Source of analysis: Lab analysis

	Nitrate-N (mg/kg)	Total P (mg/kg)	Soluble P (mg/kg)	K (mg/kg)	EC (µmhos/cm)	Organic matter (%)	Total salt (mg/kg)
Value			82.00				
DL			4.00				

Field 5

Field 5

Soil

Sample and source description: Soil

Sample date: 12/05/2023 Source of analysis: Lab analysis

	Nitrate-N (mg/kg)	Total P (mg/kg)	Soluble P (mg/kg)	K (mg/kg)	EC (µmhos/cm)	Organic matter (%)	Total salt (mg/kg)
Value			79.00				
DL			4.00				

Field 6

Soil

Sample and source description: Soil

Sample date: 12/05/2023 Source of analysis: Lab analysis

	Nitrate-N (mg/kg)	Total P (mg/kg)	Soluble P (mg/kg)	K (mg/kg)	EC (µmhos/cm)	Organic matter (%)	Total salt (mg/kg)
Value			82.00				
DL			4.00				

E. PLANT TISSUE ANALYSES

Field 1 - 10/30/2002: Oats, silage-soft dough

Forage

Sample and source description: Forage

Sample date: 05/15/2023 Source of analysis: Lab analysis Method of reporting: As-is

Moisture: 68.6 %

	Total N (mg/kg)	Total P (mg/kg)	Total K (mg/kg)	Total salt (mg/kg)	TFS (%)
Value	3,960.00	700.00	5,550.00		8.08
DL	100.00	100.00	100.00		0.01

Field 1 - 06/02/2023: Corn, silage

Field 1 - 06/02/2023: Corn, silage

Corn Silage

Sample and source description: Corn Silage

Sample date: 10/16/2023 Source of analysis: Lab analysis Method of reporting: As-is

Moisture: 78.5 %

	Total N (mg/kg)	Total P (mg/kg)	Total K (mg/kg)	Total salt (mg/kg)	TFS (%)
Value	2,620.00	540.00	3,560.00		6.30
DL	100.00	100.00	100.00		0.01

Field 2 - 10/30/2022: Oats, silage-soft dough

Forage

Sample and source description: Forage

Sample date: 05/15/2023 Source of analysis: Lab analysis Method of reporting: As-is

Moisture: 56.8 %

	Total N (mg/kg)	Total P (mg/kg)	Total K (mg/kg)	Total salt (mg/kg)	TFS (%)
Value	3,890.00	940.00	6,530.00		7.81
DL	100.00	100.00	100.00		0.01

Field 2 - 06/02/2023: Corn, silage

Corn Silage

Sample and source description: Corn Silage

Sample date: 10/16/2023 Source of analysis: Lab analysis Method of reporting: As-is

Moisture: 73.1 %

	Total N (mg/kg)	Total P (mg/kg)	Total K (mg/kg)	Total salt (mg/kg)	TFS (%)
Value	3,150.00	590.00	3,480.00		2.00
DL	100.00	100.00	100.00		0.01

Field 4 - 02/01/2020: Almond, in shell

Almonds

Sample and source description: Almonds

Sample date: 12/15/2023 Source of analysis: Lab analysis Method of reporting: Dry-weight

Moisture: 14.0 %

	Total N (mg/kg)	Total P (mg/kg)	Total K (mg/kg)	Total salt (mg/kg)	TFS (%)
Value	13,300.00	1,080.00	19,500.00		6.84
DL	100.00	100.00	100.00		0.01

Field 5 - 02/05/2019: Almond, in shell

Almonds

Sample and source description: Almonds

Sample date: 12/15/2023 Source of analysis: Lab analysis Method of reporting: As-is

Moisture: 14.0 %

	Total N (mg/kg)	Total P (mg/kg)	Total K (mg/kg)	Total salt (mg/kg)	TFS (%)
Value	13,300.00	1,080.00	19,500.00		6.84
DL	100.00	100.00	100.00		0.01

F. SUBSURFACE (TILE) DRAINAGE ANALYSES

No subsurface (tile) drainage analyses entered.

NUTRIENT APPLICATIONS, POTENTIAL REMOVAL, AND BALANCE

A. SUMMARY OF NUTRIENT APPLICATIONS, POTENTIAL REMOVAL, AND BALANCE

	Total N (lbs)	Total P (lbs)	Total K (lbs)	Total salt (lbs)
Existing soil nutrient content	0.00	0.00	0.00	0.00
Plowdown credit	0.00	0.00	0.00	0.00
Commercial fertilizer / Other	13,219.60	3,696.00	3,696.00	0.00
Dry manure	17,158.57	5,124.87	21,051.90	211,147.38
Process wastewater	12,683.73	2,422.16	26,939.16	260,789.60
Fresh water	5,710.72	0.00	0.00	466,215.98
Atmospheric deposition	3,388.00	0.00	0.00	0.00
Total nutrients applied	52,160.62	11,243.03	51,687.07	938,152.95
Anticipated crop nutrient removal	45,664.00	7,937.40	42,530.20	0.00
Actual crop nutrient removal	30,633.38	4,634.90	43,113.83	155,881.16
Nutrient balance	21,527.24	6,608.13	8,573.24	782,271.79
Applied to removed ratio	1.70	2.43	1.20	6.02

B. POUNDS OF NUTRIENT APPLIED VS. CROP REMOVAL

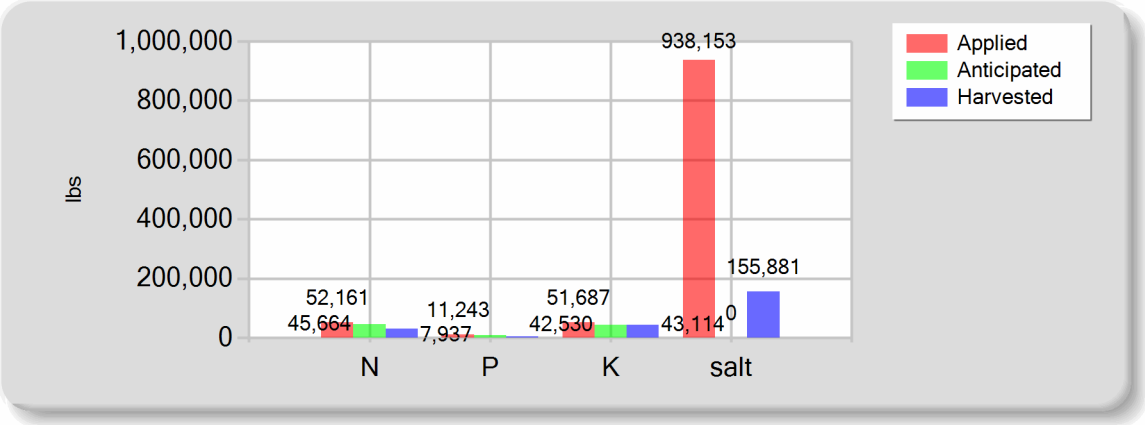

C. POUNDS OF NUTRIENT APPLIED BY MATERIAL TYPE

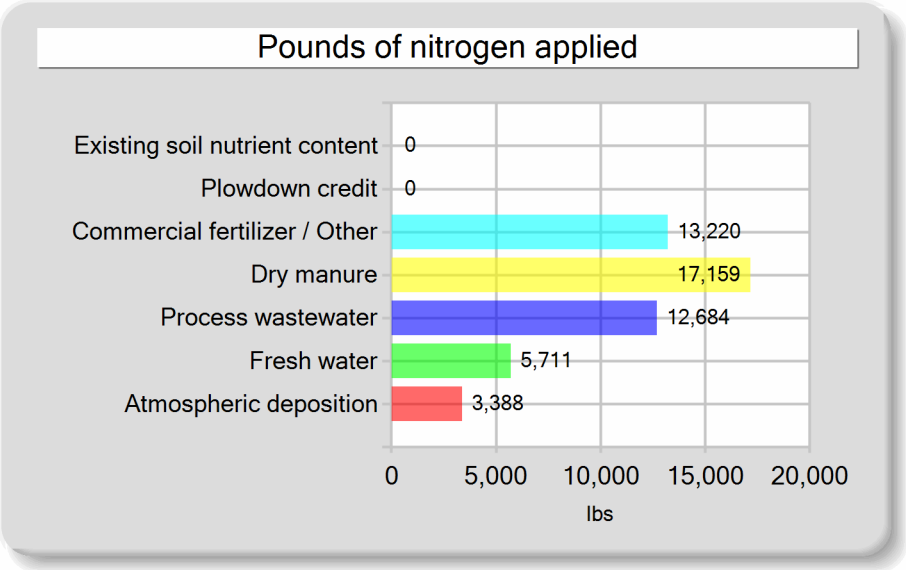

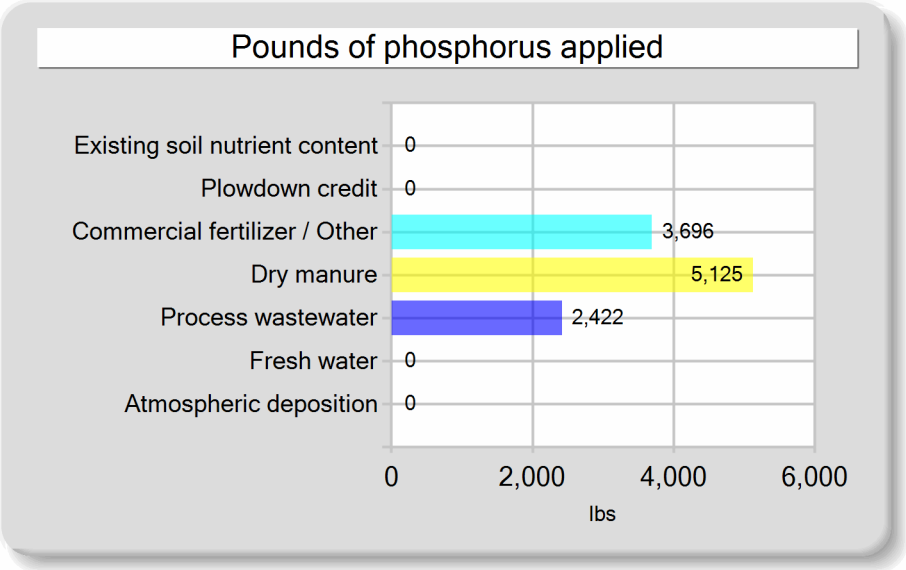

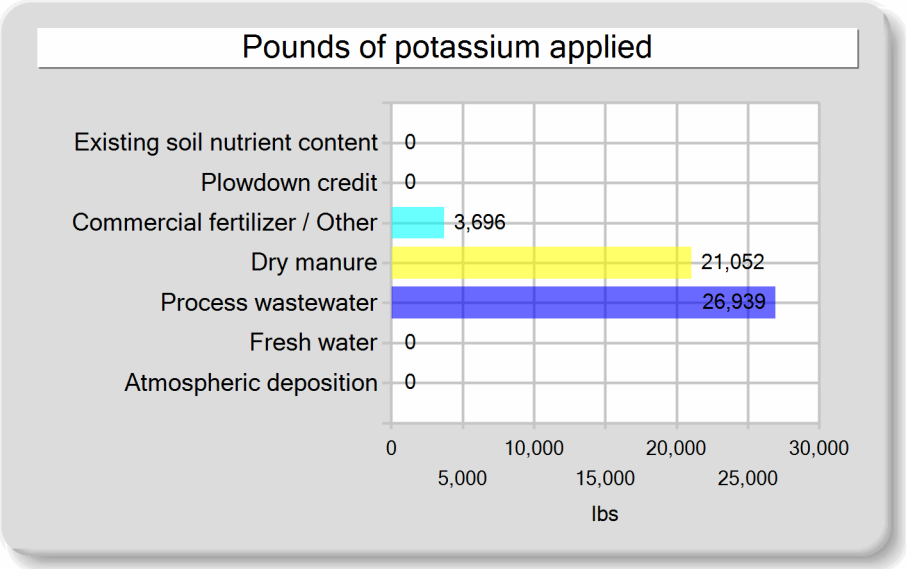

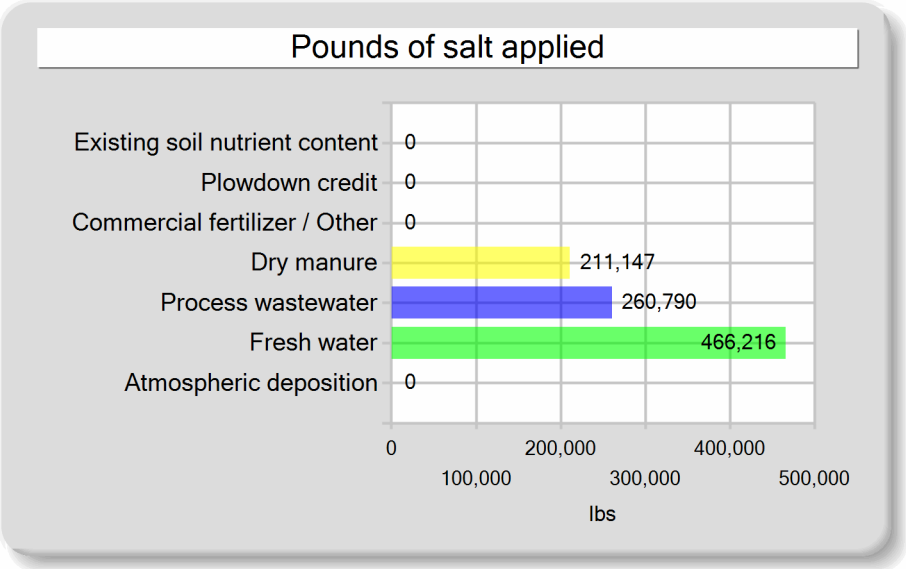

EXCEPTION REPORTING

A. MANURE, PROCESS WASTEWATER, AND OTHER DAIRY WASTE DISCHARGES

The following is a summary of all manure and process wastewater discharges from the production area to surface water or to land areas (land application areas or otherwise) when not in accordance with the facility's Nutrient Management Plan.

No manure or process wastewater discharges occurred during the reporting period.

B. STORM WATER DISCHARGES

The following is a summary of all storm water discharges from the production area to surface water during the reporting period when not in accordance with the facility 's Nutrient Management Plan.

No stormwater discharges occurred during the reporting period.

C. LAND APPLICATION AREA TO SURFACE WATER DISCHARGES

The following is a summary of all discharges from the land application area to surface water that have occurred during the reporting period when not in accordance with the facility's Nutrient Management Plan.

No land application area to surface water discharges occurred during the reporting period.

NUTRIENT MANAGEMENT PLAN AND EXPORT AGREEMENT STATEMENTS

A. NUTRIENT MANAGEMENT PLAN STATEMENTS

Was the facility's NMP updated in the reporting period?	Yes
Was the facility's NMP developed by a certified nutrient management planner (specialist) as specified in Attachment C of the General Order?	Yes
Was the facility's NMP approved by a certified nutrient management planner (specialist) as specified in Attachment C of the General Order?	Yes

B. EXPORT AGREEMENT STATEMENT

Are there any written agreements with third parties to receive manure or process wastewater that are new or were revised within the reporting period?	No

ADDITIONAL NOTES

A. NOTES

No notes entered for this annual report.

CERTIFICATION

A. OWNER AND/OR OPERATOR CERTIFICATION

I certify under penalty of law that I have personally examined and am familiar with the information submitted in this document and all attachments and that, based on my inquiry of those individuals immediately responsible for obtaining the information, I believe that the information is true, accurate, and complete. I am aware that there are significant penalties for submitting false information, including the possibility of fine and imprisonment.

Mike Van Vliet (May 1, 2024 18:05 PDT)

SIGNATURE OF OWNER OF FACILITY	SIGNATURE OF OPERATOR OF FACILITY
Mike Van Vliet	SAME AS OWNER
PRINT OR TYPE NAME	PRINT OR TYPE NAME
May 1, 2024	
DATE	DATE

ATTACHMENTS

A. REQUIRED ATTACHMENTS

The following lists the required documents that should be attached to the Annual Report when submitted .

Annual Dairy Facility Assessment
Provide an Annual Dairy Facility Assessment (an update to the Preliminary Dairy Facility Assessment in Attachment A) for each reporting period. On the PDFA Final page, click on the ADFA Report button to generate an ADFA report after updating information as needed .

Manure/Process Wastewater Tracking Manifests
Provide copies of all manure/process wastewater tracking manifests for the reporting period, signed by both the owner/operator and the hauler.

Corrective Actions Documents
Provide records documenting any corrective actions taken to correct deficiencies noted as a result of the inspections required in the Monitoring Requirements of the General Order. Deficiencies not corrected in 30 days must be accompanied by an explanation of the factors preventing immediate correction.

Groundwater Monitoring
Dischargers that monitor supply wells or subsurface (tile) drainage systems, or that have monitoring well systems must submit monitoring results as directed in the General Order, Groundwater Reporting Section starting on page MRP-13.

Storm Water Monitoring
Dischargers that are required to monitor storm water more frequently than required in the General Order must submit monitoring results as directed in the General Order, Storm Water Reporting Section on page MRP-14.

DELLAVALLE™
LABORATORY INC

Creekside (Skiff)
23234 Lone Tree Rd
Escalon, CA 95320

Account# 00-0026364
Account Manager: Scott Sakamoto
Submitted By: Jeanette Sawyer

Received: 12/14/2023 14:20
Reported: 12/21/2023 10:36

Samples in this Report

Lab ID	Sample	Matrix	Sampled By	Crop	Date Sampled
23L0961-01	IW 1	Canal Water			12/13/2023 7:00
23L0961-02	IW 2	Canal Water			12/13/2023 7:00
23L0961-03	IW 3	Canal Water			12/13/2023 7:00
23L0961-04	DW Dairy	Well Water			12/13/2023 7:00
23L0961-05	DW House	Well Water			12/13/2023 7:00

Default Cooler Temperature on Receipt °C:
Containers Intact
COC/Labels Agree

Notes and Definitions

Item	Definition
H	Hold Time Exceeded
MCL	Drinking Water Maximum Contaminant Level
ND	Analyte NOT DETECTED at or above the reporting limit.
NES	Not Enough Sample
*	Not Taken
RPD	Relative Percent Difference
%REC	Percent Recovery
Source	Sample that was matrix spiked or duplicated.

Scott McFriedland

Laboratory Director/Technical Manager

ELAP Certification #1595
A2LA Certification #6440.02

The results in this report apply to the samples as received and were analyzed in accordance with the chain of custody document. This analytical report must be reproduced in its entirety. All results listed in this report are for the exclusive use of the submitting party. Dellavalle Laboratory, Inc. assumes no responsibility for report alteration, separation, detachment or third party interpretation.

DELLAVALLE™
LABORATORY INC

Creekside (Skiff)
23234 Lone Tree Rd
Escalon, CA 95320

Account# 00-0026364
Account Manager: Scott Sakamoto
Submitted By: Jeanette Sawyer

Received: 12/14/2023 14:20
Reported: 12/21/2023 10:36

Sample Results

Sample: IW 1
23L0961-01 (Water)

Sampled: 12/13/2023 7:00
Sampled By:

Analyte	Result	Units	Reporting Limit	DIL	DW MCL	Date/Time Analyzed	Method	Notes	Batch
Electrical Conductivity	**0.37**	mmhos/cm	0.01	1		12/18/23 16:09	SM 2510 B		BEL0700
Electrical Conductivity umhos	**368**	umhos/cm	10.0	1		12/18/23 16:09	SM 2510 B		BEL0700
Nitrate Nitrogen as NO3N	**2.8**	mg/L	0.1	1	10	12/15/23 14:32	EPA 300.0		BEL0596
Temperature	**25.0**	units	0.0	1		12/18/23 16:09	SM 4500-H+	H	BEL0700
pH	**7.8**	units	1.0	1		12/18/23 16:09	SM 4500-H+	H	BEL0700
Total Filterable Solids (TDS)	**242**	mg/L	10.0	1		12/19/23 14:37	SM 2540 C		BEL0669
Kjeldahl Nitrogen (TKN), Total	ND	mg/L	1.00	1		12/19/23 14:26	SM 4500-NH3 C		BEL0671
Total Nitrogen	**2.76**	mg/L	1.00	1		12/19/23 14:26	SM 4500-NH3 C		BEL0671

The results in this report apply to the samples as received and were analyzed in accordance with the chain of custody document. This analytical report must be reproduced in its entirety. All results listed in this report are for the exclusive use of the submitting party. Dellavalle Laboratory, Inc. assumes no responsibility for report alteration, separation, detachment or third party interpretation.

DELLAVALLE™
LABORATORY INC

Creekside (Skiff)
23234 Lone Tree Rd
Escalon, CA 95320

Account# 00-0026364
Account Manager: Scott Sakamoto
Submitted By: Jeanette Sawyer

Received: 12/14/2023 14:20
Reported: 12/21/2023 10:36

Sample Results
(Continued)

Sample: IW 2
23L0961-02 (Water)

Sampled: 12/13/2023 7:00
Sampled By:

Analyte	Result	Units	Reporting Limit	DIL	DW MCL	Date/Time Analyzed	Method	Notes	Batch
Electrical Conductivity	**0.34**	mmhos/cm	0.01	1		12/18/23 16:10	SM 2510 B		BEL0700
Electrical Conductivity umhos	**344**	umhos/cm	10.0	1		12/18/23 16:10	SM 2510 B		BEL0700
Nitrate Nitrogen as NO3N	**2.5**	mg/L	0.1	1	10	12/15/23 14:52	EPA 300.0		BEL0596
Temperature	**25.0**	units	0.0	1		12/18/23 16:10	SM 4500-H+	H	BEL0700
pH	**7.8**	units	1.0	1		12/18/23 16:10	SM 4500-H+	H	BEL0700
Total Filterable Solids (TDS)	**222**	mg/L	10.0	1		12/19/23 14:37	SM 2540 C		BEL0669
Kjeldahl Nitrogen (TKN), Total	ND	mg/L	1.00	1		12/19/23 14:27	SM 4500-NH3 C		BEL0671
Total Nitrogen	**2.60**	mg/L	1.00	1		12/19/23 14:27	SM 4500-NH3 C		BEL0671

The results in this report apply to the samples as received and were analyzed in accordance with the chain of custody document. This analytical report must be reproduced in its entirety. All results listed in this report are for the exclusive use of the submitting party. Dellavalle Laboratory, Inc. assumes no responsibility for report alteration, separation, detachment or third party interpretation.

DELLAVALLE™ LABORATORY INC

Creekside (Skiff)
23234 Lone Tree Rd
Escalon, CA 95320

Account# 00-0026364
Account Manager: Scott Sakamoto
Submitted By: Jeanette Sawyer

Received: 12/14/2023 14:20
Reported: 12/21/2023 10:36

Sample Results
(Continued)

Sample: IW 3
23L0961-03 (Water)

Sampled: 12/13/2023 7:00
Sampled By:

Analyte	Result	Units	Reporting Limit	DIL	DW MCL	Date/Time Analyzed	Method	Notes	Batch
Electrical Conductivity	**0.33**	mmhos/cm	0.01	1		12/18/23 16:11	SM 2510 B		BEL0700
Electrical Conductivity umhos	**327**	umhos/cm	10.0	1		12/18/23 16:11	SM 2510 B		BEL0700
Nitrate Nitrogen as NO3N	**2.5**	mg/L	0.1	1	10	12/15/23 15:12	EPA 300.0		BEL0596
Temperature	**25.0**	units	0.0	1		12/18/23 16:11	SM 4500-H+	H	BEL0700
pH	**7.8**	units	1.0	1		12/18/23 16:11	SM 4500-H+	H	BEL0700
Total Filterable Solids (TDS)	**212**	mg/L	10.0	1		12/19/23 14:37	SM 2540 C		BEL0669
Kjeldahl Nitrogen (TKN), Total	ND	mg/L	1.00	1		12/19/23 14:29	SM 4500-NH3 C		BEL0671
Total Nitrogen	**2.56**	mg/L	1.00	1		12/19/23 14:29	SM 4500-NH3 C		BEL0671

The results in this report apply to the samples as received and were analyzed in accordance with the chain of custody document. This analytical report must be reproduced in its entirety. All results listed in this report are for the exclusive use of the submitting party. Dellavalle Laboratory, Inc. assumes no responsibility for report alteration, separation, detachment or third party interpretation.

DELLAVALLE™
LABORATORY INC

Creekside (Skiff)
23234 Lone Tree Rd
Escalon, CA 95320

Account# 00-0026364
Account Manager: Scott Sakamoto
Submitted By: Jeanette Sawyer

Received: 12/14/2023 14:20
Reported: 12/21/2023 10:36

Sample Results
(Continued)

Sample: DW Dairy
23L0961-04 (Water)

Sampled: 12/13/2023 7:00
Sampled By:

Analyte	Result	Units	Reporting Limit	DIL	DW MCL	Date/Time Analyzed	Method	Notes	Batch
Electrical Conductivity	**0.35**	mmhos/cm	0.01	1		12/18/23 16:12	SM 2510 B		BEL0700
Electrical Conductivity umhos	**346**	umhos/cm	10.0	1		12/18/23 16:12	SM 2510 B		BEL0700
Ammonia (as N)	*	mg/L	0.00	1		12/14/23 17:35	Field		BEL0647
Nitrate Nitrogen as NO3N	**2.5**	mg/L	0.1	1	10	12/15/23 15:32	EPA 300.0		BEL0596
Temperature	**25.0**	units	0.0	1		12/18/23 16:12	SM 4500-H+	H	BEL0700
pH	**7.7**	units	1.0	1		12/18/23 16:12	SM 4500-H+	H	BEL0700

The results in this report apply to the samples as received and were analyzed in accordance with the chain of custody document. This analytical report must be reproduced in its entirety. All results listed in this report are for the exclusive use of the submitting party. Dellavalle Laboratory, Inc. assumes no responsibility for report alteration, separation, detachment or third party interpretation.

DELLAVALLE™
LABORATORY INC

Creekside (Skiff)
23234 Lone Tree Rd
Escalon, CA 95320

Account# 00-0026364
Account Manager: Scott Sakamoto
Submitted By: Jeanette Sawyer

Received: 12/14/2023 14:20
Reported: 12/21/2023 10:36

Sample Results
(Continued)

Sample: DW House
23L0961-05 (Water)

Sampled: 12/13/2023 7:00
Sampled By:

Analyte	Result	Units	Reporting Limit	DIL	DW MCL	Date/Time Analyzed	Method	Notes	Batch
Electrical Conductivity	**0.32**	mmhos/cm	0.01	1		12/18/23 16:14	SM 2510 B		BEL0700
Electrical Conductivity umhos	**316**	umhos/cm	10.0	1		12/18/23 16:14	SM 2510 B		BEL0700
Ammonia (as N)	*	mg/L	0.00	1		12/14/23 17:35	Field		BEL0647
Nitrate Nitrogen as NO3N	**2.3**	mg/L	0.1	1	10	12/15/23 15:52	EPA 300.0		BEL0596
Temperature	**25.0**	units	0.0	1		12/18/23 16:14	SM 4500-H+	H	BEL0700
pH	**7.7**	units	1.0	1		12/18/23 16:14	SM 4500-H+	H	BEL0700

The results in this report apply to the samples as received and were analyzed in accordance with the chain of custody document. This analytical report must be reproduced in its entirety. All results listed in this report are for the exclusive use of the submitting party. Dellavalle Laboratory, Inc. assumes no responsibility for report alteration, separation, detachment or third party interpretation.

DELLAVALLE™ LABORATORY INC

Creekside (Skiff)
23234 Lone Tree Rd
Escalon, CA 95320

Account# 00-0026364
Account Manager: Scott Sakamoto
Submitted By: Jeanette Sawyer

Received: 12/14/2023 14:20
Reported: 12/21/2023 10:36

Quality Control

Analyte	Result	Qual	Reporting Limit	Units	Spike Level	Source Result	%REC	%REC Limits	RPD	RPD Limit
Batch: BEL0596										
Blank (BEL0596-BLK1)					Prepared & Analyzed: 12/14/2023					
Nitrate Nitrogen as NO3N	ND		0.1	mg/L						
Blank (BEL0596-BLK2)					Prepared & Analyzed: 12/14/2023					
Nitrate Nitrogen as NO3N	ND		0.1	mg/L						
Blank (BEL0596-BLK3)					Prepared: 12/14/2023 Analyzed: 12/15/2023					
Nitrate Nitrogen as NO3N	ND		0.1	mg/L						
Blank (BEL0596-BLK4)					Prepared: 12/14/2023 Analyzed: 12/15/2023					
Nitrate Nitrogen as NO3N	ND		0.1	mg/L						
Blank (BEL0596-BLK5)					Prepared: 12/14/2023 Analyzed: 12/15/2023					
Nitrate Nitrogen as NO3N	ND		0.1	mg/L						
LCS (BEL0596-BS1)					Prepared & Analyzed: 12/14/2023					
Nitrate Nitrogen as NO3N	5.2		0.1	mg/L	5.000		103	90-110		
LCS (BEL0596-BS2)					Prepared: 12/14/2023 Analyzed: 12/15/2023					
Nitrate Nitrogen as NO3N	5.0		0.1	mg/L	5.000		101	90-110		
LCS (BEL0596-BS3)					Prepared: 12/14/2023 Analyzed: 12/15/2023					
Nitrate Nitrogen as NO3N	5.0		0.1	mg/L	5.000		99.7	90-110		
LCS (BEL0596-BS4)					Prepared: 12/14/2023 Analyzed: 12/15/2023					
Nitrate Nitrogen as NO3N	5.0		0.1	mg/L	5.000		99.8	90-110		
Duplicate (BEL0596-DUP1)		**Source: 23L0802-01**			Prepared & Analyzed: 12/14/2023					
Nitrate Nitrogen as NO3N	0.03		0.1	mg/L		0.03			3.64	10
Duplicate (BEL0596-DUP2)		**Source: 23L0810-02**			Prepared: 12/14/2023 Analyzed: 12/15/2023					
Nitrate Nitrogen as NO3N	4.3		0.1	mg/L		4.3			0.889	10
Duplicate (BEL0596-DUP3)		**Source: 23L0817-01**			Prepared: 12/14/2023 Analyzed: 12/15/2023					
Nitrate Nitrogen as NO3N	0.04		0.1	mg/L		0.04			0.00	10
Duplicate (BEL0596-DUP4)		**Source: 23L0822-01**			Prepared: 12/14/2023 Analyzed: 12/15/2023					
Nitrate Nitrogen as NO3N	0.04		0.1	mg/L		0.04			7.06	10
Matrix Spike (BEL0596-MS1)		**Source: 23L0802-01**			Prepared & Analyzed: 12/14/2023					
Nitrate Nitrogen as NO3N	4.9		0.1	mg/L	5.000	0.03	98.4	90-110		
Matrix Spike (BEL0596-MS2)		**Source: 23L0810-02**			Prepared: 12/14/2023 Analyzed: 12/15/2023					
Nitrate Nitrogen as NO3N	9.5		0.1	mg/L	5.000	4.3	105	90-110		

The results in this report apply to the samples as received and were analyzed in accordance with the chain of custody document. This analytical report must be reproduced in its entirety. All results listed in this report are for the exclusive use of the submitting party. Dellavalle Laboratory, Inc. assumes no responsibility for report alteration, separation, detachment or third party interpretation.

DELLAVALLE™ LABORATORY INC

Creekside (Skiff)
23234 Lone Tree Rd
Escalon, CA 95320

Account# 00-0026364
Account Manager: Scott Sakamoto
Submitted By: Jeanette Sawyer

Received: 12/14/2023 14:20
Reported: 12/21/2023 10:36

Quality Control
(Continued)

Analyte	Result	Qual	Reporting Limit	Units	Spike Level	Source Result	%REC	%REC Limits	RPD	RPD Limit
Batch: BEL0596 (Continued)										
Matrix Spike (BEL0596-MS3)			**Source: 23L0817-01**		Prepared: 12/14/2023 Analyzed: 12/15/2023					
Nitrate Nitrogen as NO3N	4.9		0.1	mg/L	5.000	0.04	97.0	90-110		
Matrix Spike (BEL0596-MS4)			**Source: 23L0822-01**		Prepared: 12/14/2023 Analyzed: 12/15/2023					
Nitrate Nitrogen as NO3N	5.0		0.1	mg/L	5.000	0.04	98.6	90-110		
Reference (BEL0596-SRM1)					Prepared & Analyzed: 12/14/2023					
Nitrate Nitrogen as NO3N	9.8			mg/L	10.00		98.1	90-110		
Reference (BEL0596-SRM2)					Prepared: 12/14/2023 Analyzed: 12/15/2023					
Nitrate Nitrogen as NO3N	9.9			mg/L	10.00		98.5	90-110		
Reference (BEL0596-SRM4)					Prepared: 12/14/2023 Analyzed: 12/15/2023					
Nitrate Nitrogen as NO3N	9.7			mg/L	10.00		97.4	90-110		
Reference (BEL0596-SRM5)					Prepared: 12/14/2023 Analyzed: 12/15/2023					
Nitrate Nitrogen as NO3N	9.7			mg/L	10.00		97.4	90-110		

The results in this report apply to the samples as received and were analyzed in accordance with the chain of custody document. This analytical report must be reproduced in its entirety. All results listed in this report are for the exclusive use of the submitting party. Dellavalle Laboratory, Inc. assumes no responsibility for report alteration, separation, detachment or third party interpretation.

DELLAVALLE™ LABORATORY INC

Creekside (Skiff)
23234 Lone Tree Rd
Escalon, CA 95320

Account# 00-0026364
Account Manager: Scott Sakamoto
Submitted By: Jeanette Sawyer

Received: 12/14/2023 14:20
Reported: 12/21/2023 10:36

Quality Control
(Continued)

Analyte	Result	Qual	Reporting Limit	Units	Spike Level	Source Result	%REC	%REC Limits	RPD	RPD Limit
Batch: BEL0669										
Blank (BEL0669-BLK1)					Prepared: 12/18/2023	Analyzed: 12/19/2023				
Total Filterable Solids (TDS)	ND		10.0	mg/L						
LCS (BEL0669-BS1)					Prepared: 12/18/2023	Analyzed: 12/19/2023				
Total Filterable Solids (TDS)	27.5		10.0	mg/L	2000		1.38	0-200		
Duplicate (BEL0669-DUP1)			**Source: 23L0963-01**		Prepared: 12/18/2023	Analyzed: 12/19/2023				
Total Filterable Solids (TDS)	510		10.0	mg/L		490			4.00	10
Duplicate (BEL0669-DUP2)			**Source: 23L0983-02**		Prepared: 12/18/2023	Analyzed: 12/19/2023				
Total Filterable Solids (TDS)	960		10.0	mg/L		900			6.45	10
Reference (BEL0669-SRM1)					Prepared: 12/18/2023	Analyzed: 12/19/2023				
Total Filterable Solids (TDS)	393			mg/L	390.0		101	90-110		

The results in this report apply to the samples as received and were analyzed in accordance with the chain of custody document. This analytical report must be reproduced in its entirety. All results listed in this report are for the exclusive use of the submitting party. Dellavalle Laboratory, Inc. assumes no responsibility for report alteration, separation, detachment or third party interpretation.

DELLAVALLE™ LABORATORY INC

Creekside (Skiff)
23234 Lone Tree Rd
Escalon, CA 95320

Account# 00-0026364
Account Manager: Scott Sakamoto
Submitted By: Jeanette Sawyer

Received: 12/14/2023 14:20
Reported: 12/21/2023 10:36

Quality Control
(Continued)

Analyte	Result	Qual	Reporting Limit	Units	Spike Level	Source Result	%REC	%REC Limits	RPD	RPD Limit
Batch: BEL0671										
Blank (BEL0671-BLK1)					Prepared: 12/18/2023	Analyzed: 12/19/2023				
Kjeldahl Nitrogen (TKN), Total	ND		1.00	mg/L						
Total Nitrogen	ND		1.00	mg/L						
Blank (BEL0671-BLK2)					Prepared: 12/18/2023	Analyzed: 12/19/2023				
Kjeldahl Nitrogen (TKN), Total	ND		1.00	mg/L						
Total Nitrogen	ND		1.00	mg/L						
Blank (BEL0671-BLK3)					Prepared: 12/18/2023	Analyzed: 12/19/2023				
Kjeldahl Nitrogen (TKN), Total	ND		1.00	mg/L						
Total Nitrogen	ND		1.00	mg/L						
LCS (BEL0671-BS1)					Prepared: 12/18/2023	Analyzed: 12/19/2023				
Kjeldahl Nitrogen (TKN), Total	5.61		1.00	mg/L	5.709		98.2	90-110		
LCS (BEL0671-BS2)					Prepared: 12/18/2023	Analyzed: 12/19/2023				
Kjeldahl Nitrogen (TKN), Total	5.27		1.00	mg/L	5.709		92.3	90-110		
Duplicate (BEL0671-DUP1)		**Source: 23L0861-02**			Prepared: 12/18/2023	Analyzed: 12/19/2023				
Kjeldahl Nitrogen (TKN), Total	ND		1.40	mg/L		ND				10
Duplicate (BEL0671-DUP2)		**Source: 23L0959-01**			Prepared: 12/18/2023	Analyzed: 12/19/2023				
Kjeldahl Nitrogen (TKN), Total	161		3.50	mg/L		165			2.29	10
Matrix Spike (BEL0671-MS1)		**Source: 23L0861-02**			Prepared: 12/18/2023	Analyzed: 12/19/2023				
Kjeldahl Nitrogen (TKN), Total	8.08		1.40	mg/L	7.992	ND	101	90-110		
Matrix Spike (BEL0671-MS2)		**Source: 23L0959-01**			Prepared: 12/18/2023	Analyzed: 12/19/2023				
Kjeldahl Nitrogen (TKN), Total	166		3.50	mg/L	9.990	165	4.00	90-110		
Reference (BEL0671-SRM1)					Prepared: 12/18/2023	Analyzed: 12/19/2023				
Kjeldahl Nitrogen (TKN), Total	31.9			mg/L	31.90		99.9	90-110		

The results in this report apply to the samples as received and were analyzed in accordance with the chain of custody document. This analytical report must be reproduced in its entirety. All results listed in this report are for the exclusive use of the submitting party. Dellavalle Laboratory, Inc. assumes no responsibility for report alteration, separation, detachment or third party interpretation.

DELLAVALLE™ LABORATORY INC

Creekside (Skiff)
23234 Lone Tree Rd
Escalon, CA 95320

Account# 00-0026364
Account Manager: Scott Sakamoto
Submitted By: Jeanette Sawyer

Received: 12/14/2023 14:20
Reported: 12/21/2023 10:36

Quality Control
(Continued)

Analyte	Result	Qual	Reporting Limit	Units	Spike Level	Source Result	%REC	%REC Limits	RPD	RPD Limit
Batch: BEL0700										
Blank (BEL0700-BLK1)					Prepared & Analyzed: 12/18/2023					
Electrical Conductivity	ND		0.01	mmhos/cm						
Temperature	25.0		0.0	units						
Electrical Conductivity umhos	ND		10.0	umhos/cm						
pH	5.6		1.0	units						
Blank (BEL0700-BLK2)					Prepared & Analyzed: 12/18/2023					
Temperature	25.0		0.0	units						
Electrical Conductivity	ND		0.01	mmhos/cm						
Electrical Conductivity umhos	ND		10.0	umhos/cm						
pH	7.6		1.0	units						
Blank (BEL0700-BLK3)					Prepared & Analyzed: 12/18/2023					
Temperature	25.0		0.0	units						
Electrical Conductivity	ND		0.01	mmhos/cm						
Electrical Conductivity umhos	ND		10.0	umhos/cm						
pH	7.7		1.0	units						
Duplicate (BEL0700-DUP1)		**Source: 23L0964-01**			Prepared & Analyzed: 12/18/2023					
Electrical Conductivity	1.15		0.01	mmhos/cm		1.15			0.495	10
Electrical Conductivity umhos	1150		10.0	umhos/cm		1150			0.495	10
pH	7.4		1.0	units		7.4			0.135	10
Duplicate (BEL0700-DUP2)		**Source: 23L0965-02**			Prepared & Analyzed: 12/18/2023					
Electrical Conductivity	1.13		0.01	mmhos/cm		1.13			0.203	10
pH	7.7		1.0	units		7.7			0.129	10
Electrical Conductivity umhos	1130		10.0	umhos/cm		1130			0.203	10
Reference (BEL0700-SRM1)					Prepared & Analyzed: 12/18/2023					
Electrical Conductivity	428			umhos/cm	426.0		100	90-110		
Reference (BEL0700-SRM2)					Prepared & Analyzed: 12/18/2023					
pH	7.5			units	7.520		100	67021-101.32		
Reference (BEL0700-SRM3)					Prepared & Analyzed: 12/18/2023					
Electrical Conductivity	1020			umhos/cm	1000		102	90-110		
Electrical Conductivity umhos	1020			umhos/cm	1000		102	90-110		
Reference (BEL0700-SRM4)					Prepared & Analyzed: 12/18/2023					
Electrical Conductivity	1030			umhos/cm	1000		103	90-110		
Electrical Conductivity umhos	1030			umhos/cm	1000		103	90-110		
Reference (BEL0700-SRM5)					Prepared & Analyzed: 12/18/2023					
Electrical Conductivity	1020			umhos/cm	1000		102	90-110		

The results in this report apply to the samples as received and were analyzed in accordance with the chain of custody document. This analytical report must be reproduced in its entirety. All results listed in this report are for the exclusive use of the submitting party. Dellavalle Laboratory, Inc. assumes no responsibility for report alteration, separation, detachment or third party interpretation.

DELLAVALLE™ LABORATORY INC

Creekside (Skiff)
23234 Lone Tree Rd
Escalon, CA 95320

Account# 00-0026364
Account Manager: Scott Sakamoto
Submitted By: Jeanette Sawyer

Received: 12/14/2023 14:20
Reported: 12/21/2023 10:36

Quality Control
(Continued)

Analyte	Result	Qual	Reporting Limit	Units	Spike Level	Source Result	%REC	%REC Limits	RPD	RPD Limit
Batch: BEL0700 (Continued)										
Reference (BEL0700-SRM5)					Prepared & Analyzed: 12/18/2023					
Electrical Conductivity umhos	1020			umhos/cm	1000		102	90-110		
Reference (BEL0700-SRM6)					Prepared & Analyzed: 12/18/2023					
pH	4.0			units	4.000		101	97.5-102.5		
Reference (BEL0700-SRM7)					Prepared & Analyzed: 12/18/2023					
pH	4.0			units	4.000		101	97.5-102.5		
Reference (BEL0700-SRM8)					Prepared & Analyzed: 12/18/2023					
pH	4.0			units	4.000		100	97.5-102.5		

The results in this report apply to the samples as received and were analyzed in accordance with the chain of custody document. This analytical report must be reproduced in its entirety. All results listed in this report are for the exclusive use of the submitting party. Dellavalle Laboratory, Inc. assumes no responsibility for report alteration, separation, detachment or third party interpretation.

12/14/23 14:20 23L0961

DELLAVALLE LABORATORY, INC.

1910 W. McKinley Avenue, Suite 110 • Fresno, CA 93728
www.dellavallelab.com 559 233-6129 · 800 228-9896 · Fax 559 268-8174

JG

Purchase Order No

Bill To: Acct # 26364 Cons #

Results Need By

Name: Creekside (Skiff)

Address: 23234 Lone Tree Rd

City: Escalon State: CA Zip: 95320

Telephone: 209 838-1180 Fax:

Cell/Email:

COPY TO: F&A Ag Services
& JSawyer@Fragservices.com

REQUESTED BY: Jeanette Sawyer

PROJECT:

CROP:

No. Samples: 5 No of Bottles: 8

Water Type: [ ] Drinking Water [ ] Wastewater
[ ] Ag Water [ ] Groundwater [ ] Monitoring Well

Other:

Analysis and Bottles Required: (Please indicate Analysis)

DCW1 +TN
DWW1

[ ] Co. Health Dept
[ ] RWQCB [ ] Copy of Chain
[ ] State Forms [ ] QA/QC Documents

Sampled By:

	Description of Samples	Date Sampled	Time Sampled	Rec'd Temp °C	Field EC
1	IW 1	12/13/23	started 7AM	8.3	
2	2			9.3	
3	3			10.0	
4	DW Dairy			11.1	
5	DW House			12.4	
6					
7					
8					
9					
10					

IR Thermometer SN: 221314357
Correction Factor: 0°C
Calibration Due: 03/06/2024
Location: Laboratory

CHAIN OF CUSTODY

Carrier	Signature	Company	Received (Date/Time)	Relinquished (Date/Time)
First	Jeanette Sawyer	F&R Ag Services		
Second	JLF	DLV	12-14-23 10:00	12-14-23 2:15 pm
Third				
Fourth		DLV	12/14 14:9	

I guarantee that as the client, or on behalf of client named, I have the authority to contract the above requested services. Should it be found that I do not have such authority, I agree to be personally liable for all costs and, if there should be action against me for this breach, reasonable attorneys' fees. It is understood that payment is expected to be cash with samples unless terms have been previously arranged. Terms are net 30 days; overdue accounts will be charged a liquidated damage fee of 2% per month (annually 24%) or $5.00 per month whichever is greater.

If payment is not made when due and a legitimate dispute exists concerning the product or services of Dellavalle Laboratory, Inc., it will be submitted to mediation under the Rules and Procedures of Creative Alternative to Litigation, Inc. (*cal*). If the dispute is not resolved in mediation, then the dispute will be submitted to binding arbitration through *cal* under its Rules and Procedures. The parties will equally bear the costs of mediation/arbitration. If, however, the mediator declares that no legitimate dispute exists, then debtor will pay all mediation and arbitration costs, and in the event of arbitration, reasonable attorneys' fees of Dellavalle Laboratory.

Invoicing Information:

Sampling hrs
Miles
Consulting

Shipping
$ In
$ Out

Amt Paid	Rec By	Check #	Date

Signature

Sample received in cooler with ice (coolant)
[ ] Yes [ ] No

pH Strips
Lot 10BDH4501
Exp. Jan. 2025

Paste Label Here

Shipping Information: Shipped In ☐ Picked-Up ☒ Walk In ☐ DLI Sampler ☐ Other ☐ _____

☐ Samples refrigerated before pick up | ☐ Picked up samples placed in Ice chest

Container: Ice Chest ☒ Box ☐ None ☐ | **Refrigerant:** Wet Ice ☒ Blue Ice ☐ None ☐

Samples Preserved with HNO_3 or H_2SO_4 were: ☐ Received Preserved ☒ Preserved Upon Receipt at Laboratory

Type of Container(s) Received		Sample Number 1	2	3	4	5	6	7	8	9	10
Sample Containers for Internal (DLI) Use *(Containers that go into the Lab)*											
Plastics	100 mL sterile plastic $Na_2S_2O_3$ (Green)										
	250 mL unpreserved (White) Plastic	1	1	1	1	1					
	250 mL HNO_3 (Red) Plastic										
	* pH Value										
	250 mL H_2SO_4 (Yellow) Plastic	1	1	1							
	* pH Value	<2	<2	<2							
	500 mL unpreserved (White) Plastic										
	1 L unpreserved (White) Plastic										
	1 L unpreserved (BOD) (Purple) Plastic										
Special	500mL unpreserved (White) Glass										
	PO4-P Kit										
	Other:										
Sample Containers for Subcontracte *(Containers that go in the Subcontract ("Send Out") Refrigerator)*											
Plastics	100 mL sterile plastic $Na_2S_2O_3$ (Green)										
	250 mL unpreserved (White) Plastic										
	250 mL HNO_3 (Red) Plastic										
	250 mL H_2SO_4 (Yellow) Plastic										
	500 mL HNO_3 (Red)										
	1 L unpreserved (White) Plastic										
	1 L unpreserved (BOD) (Purple) Plastic										
	1 L HNO_3 (Red)										
VOA Vials	40 mL VOA, $Na_2S_2O_3$ + MCAA (EPA531)										
	40 mL VOA, $Na_2S_2O_3$ (EPA547)										
	40mL AG VOA unpreserved (White) (Set of 3)										
	40 mL AG VOA, $Na_2S_2O_3$ (Green) (Set of 3)										
	40mL VOA, H_3PO_4 (Set of 3)										
	40 mL VOA, HCl (Blue) (Set of 3)										
	40 mL VOA, $Na_2S_2O_3$ (Green) (Set of 3)										
Glass	250 mL AG unpreserved (White)										
	250 mL AG H_2SO_4 (Yellow)										
	250 mL AG $Na_2S_2O_3$ (Green)										
	250 mL AG $Na_2S_2O_3$ + MCAA										
	500 mL glass unpreserved (White)										
	500 mL AG HCl (Blue)										
	1 L AG unpreserved (White)										
	1 L AG H_2SO_4 (Yellow)										
	1 L AG $Na_2S_2O_3$ (Green)										
	1 L AG HCl (Blue)										
Special	Cr^{6+} - 50mL Plastic w/Borate/HCO_3/CO_3										
	Cyanide - 500 mL NaOH										
	Asbestos - 1L P wrapped in foil (Set of 2)										
	Sulfide - 1 L **AG** or **P** NaOH + ZnAc										
	Chlorite/Bromate - 250 mL AG with EDA										
	HAA5 - 250mL AG Ammonium Chlorite										
	DO KIT										
	Other:										
	Other:										

12/14/23 14:20 23L0961

DRAFT SEND OUT

2023 Annual Report Skiff Ranch

Final Audit Report 2024-05-02

Created:	2024-04-30
By:	Vince Furtado (vfurtado@fragservices.com)
Status:	Signed
Transaction ID:	CBJCHBCAABAA0Shlb1CZvxDtKwjXFkUMTTF4fBaYteXz

"2023 Annual Report Skiff Ranch" History

Document created by Vince Furtado (vfurtado@fragservices.com)
2024-04-30 - 10:39:53 PM GMT

Document emailed to trevorvanvliet@yahoo.com for signature
2024-04-30 - 10:40:58 PM GMT

Email viewed by trevorvanvliet@yahoo.com
2024-04-30 - 10:59:34 PM GMT

Signer trevorvanvliet@yahoo.com entered name at signing as Mike Van Vliet
2024-05-02 - 1:05:51 AM GMT

Document e-signed by Mike Van Vliet (trevorvanvliet@yahoo.com)
Signature Date: 2024-05-02 - 1:05:53 AM GMT - Time Source: server

Agreement completed.
2024-05-02 - 1:05:53 AM GMT