Annual Report - General Order No. R5-2007-0035
Reporting period 01/01/2023 to 12/31/2023.

DAIRY FACILITY INFORMATION

A. NAME OF DAIRY OR BUSINESS OPERATING THE DAIRY: Anchor J Dairy

Physical address of dairy:

Number and Street	City	County	Zip Code
24507 W First ST	Stevinson	Merced	95374

Street and nearest cross street (if no address):

Date facility was originally placed in operation: 03/01/1993

Regional Water Quality Control Board Basin Plan designation: San Joaquin River Basin

County Assessor Parcel Number(s) for dairy facility:

X055-X010-X007-XXXX X055-X030-X006-XXXX X055-X030-X015-XXXX X055-X030-X016-XXXX X055-X030-X044-XXXX

B. OPERATORS

Kelley, Sean

Operator name: Kelley, Sean

Telephone no.: (209) 634-4908 (Landline) (Cellular)

Mailing Address Number and Street	City	State	Zip Code
25079 W. River RD	Stevinson	CA	95374

This operator is responsible for paying permit fees.

C. OWNERS

Kelley, Robert Daniel Jr.

Legal owner name: Kelley, Robert Daniel Jr.

Telephone no.: (209) 634-4908 (Landline) (Cellular)

Mailing Address Number and Street	City	State	Zip Code
25079 W. River RD	Stevinson	CA	95374

Kelley, Sean

Legal owner name: Kelley, Sean

Telephone no.: (209) 634-4908

Landline	Cellular

Mailing Address Number and Street	City	State	Zip Code
25079 W. River RD	Stevinson	CA	95374

This owner is responsible for paying permit fees.

AVAILABLE NUTRIENTS

A. HERD INFORMATION

	Milk Cows	Dry Cows	Bred Heifers (15-24 mo.)	Heifers (7-14 mo. to breeding)	Calves (4-6 mo.)	Calves (0-3 mo.)
Number open confinement	0	0	1,400	1,000	400	400
Number under roof	4,200	631	0	0	0	0
Maximum number	4,200	631	1,400	1,000	400	400
Average number	4,200	631	1,400	1,000	400	400
Avg live weight (lbs)	1,400	1,400	900	650		

Predominant milk cow breed: Holstein

Average milk production: 75 *pounds per cow per day*

B. MANURE GENERATED

Total manure excreted by the herd: 145,561.38 *tons per reporting period*

Total nitrogen from manure: 1,824,617.58 *lbs per reporting period*

After ammonia losses (30% loss applied): 1,277,232.31 *lbs per reporting period*

Total phosphorus from manure: 301,027.54 *lbs per reporting period*

Total potassium from manure: 818,135.75 *lbs per reporting period*

Total salt from manure: 2,122,668.45 *lbs per reporting period*

C. PROCESS WASTEWATER GENERATED

Process wastewater generated: 18,616,570 *gallons*

Total nitrogen generated: 94,355.54 *lbs*

Total phosphorus generated: 11,839.27 *lbs*

Total potassium generated: 126,221.40 *lbs*

Total salt generated: 977,085.03 *lbs*

	18,616,570	*gallons applied*
+	0	*gallons exported*
-	0	*gallons imported*
=	18,616,570	*gallons generated*

D. FRESH WATER SOURCES

Source Description	Type
Canal	Surface water
Irrigation Well	Ground water
River	Surface water

E. SUBSURFACE (TILE) DRAINAGE SOURCES

No subsurface (tile) drainage sources entered.

F. NUTRIENT IMPORTS

No dry manure nutrient imports entered.

No process wastewater nutrient imports entered.

Date	Material type / Description	Quantity	Reporting basis	Moisture (%)	N (%)	P (%)	K (%)	Salt (%)
04/01/2023	Solid commercial fertilizer *20-20-20*	68.50 *ton*	As-is	0.1	20.000000	20.000000	20.000000	0.000000
05/01/2023	Solid commercial fertilizer *CAN 17*	102.78 *ton*	Dry-weight	0.1	17.000000	0.000000	0.000000	0.000000
06/01/2023	Solid commercial fertilizer *6-9-1*	65.50 *ton*	Dry-weight	0.1	6.000000	9.000000	1.000000	0.000000
07/01/2023	Solid commercial fertilizer *UN32*	542.61 *ton*	As-is	0.1	32.000000	0.000000	0.000000	0.000000

Material type	Total N (lbs)	Total P (lbs)	Total K (lbs)	Total salt (lbs)
Commercial fertilizer / Other	417,432.79	39,178.21	28,708.69	0.00
Dry manure	0.00	0.00	0.00	0.00
Process wastewater	0.00	0.00	0.00	0.00
Total imports for all materials	417,432.79	39,178.21	28,708.69	0.00

G. NUTRIENT EXPORTS

No solid nutrient exports entered.

No liquid nutrient exports entered.

A. LIST OF LAND APPLICATION AREAS

Field name	Controlled acres	Cropable acres	Total harvests	Type of waste applied	Parcel number
700 Ranch	702	702	1	none	X055-X132-X003-XXXX X055-X132-X007-XXXX X055-X141-X008-XXXX X055-X141-X026-XXXX X055-X141-X035-XXXX X055-X141-X036-XXXX X055-X141-X037-XXXX X055-X141-X038-XXXX X055-X141-X039-XXXX
AJ 7	40	40	2	process wastewater	X055-X020-X010-XXXX
AJ Beef	105	105	2	manure	X055-X020-X015-XXXX
AJ Blow Rd	35	35	2	process wastewater	X055-X030-X002-XXXX X055-X030-X003-XXXX X055-X030-X004-XXXX
AJ D East	22	22	2	process wastewater	X055-X020-X010-XXXX
AJ D North	57	57	1	none	X055-X020-X015-XXXX
AJ D West	55	55	2	manure	X055-X020-X015-XXXX
AJ R Racks	60	60	2	manure	X055-X020-X015-XXXX
AJ South	150	150	2	both	X055-X030-X035-XXXX
Big Bottom	120	120	1	none	X055-X210-X045-XXXX
Borges	45	45	1	none	X055-X210-X022-XXXX X055-X210-X039-XXXX
Center Pike	70	70	0	none	X055-X224-X043-XXXX X055-X224-X046-XXXX X055-X224-X047-XXXX X055-X224-X048-XXXX X055-X224-X049-XXXX X055-X224-X060-XXXX X055-X224-X061-XXXX
E. and W. Purdy	70	70	0	none	X055-X238-X042-XXXX X055-X238-X044-XXXX
East Orestimba	75	75	0	none	X049-X360-X006-XXXX
East Pike	260	260	0	none	X055-X250-X006-XXXX X055-X250-X050-XXXX

Field name	Controlled acres	Cropable acres	Total harvests	Type of waste applied	Parcel number
					X055-X250-X051-XXXX
Fremont	140	140	2	manure	X055-X050-X007-XXXX X055-X050-X008-XXXX X055-X050-X013-XXXX X055-X210-X001-XXXX X055-X210-X002-XXXX X055-X210-X014-XXXX X055-X210-X037-XXXX X055-X290-X011-XXXX X055-X290-X012-XXXX
Fremont Pasture	190	190	0	none	X055-X210-X045-XXXX
Gette 3	36	36	2	process wastewater	X055-X020-X010-XXXX
Gette 4	46	46	2	process wastewater	X055-X020-X010-XXXX
Hatfield Ranch	219	219	1	none	X055-X020-X009-XXXX
Hawkins Ranch	254	254	1	none	X055-X010-X003-XXXX X055-X010-X004-XXXX X055-X010-X006-XXXX X055-X010-X007-XXXX
Home Ranch	452	452	1	none	X055-X100-X001-XXXX X055-X100-X005-XXXX X055-X100-X012-XXXX X055-X100-X013-XXXX X055-X100-X014-XXXX X055-X100-X015-XXXX X055-X100-X019-XXXX
Judith	143	143	1	none	X055-X020-X009-XXXX X055-X100-X018-XXXX
Kevin	180	180	0	none	X055-X240-X042-XXXX
N E Big Bottom	54	54	0	none	X055-X224-X043-XXXX X055-X224-X044-XXXX X055-X224-X045-XXXX
North Goss	60	60	0	none	X055-X350-X001-XXXX
NW Pike	95	95	2	none	X055-X224-X039-XXXX X055-X224-X041-XXXX X055-X224-X042-XXXX X055-X224-X059-XXXX
Purdy Carry	155	155	1	manure	X055-X238-X008-XXXX

Field name	Controlled acres	Cropable acres	Total harvests	Type of waste applied	Parcel number
					X055-X238-X009-XXXX X055-X238-X027-XXXX X055-X238-X042-XXXX X055-X238-X043-XXXX X055-X238-X044-XXXX X055-X238-X045-XXXX
Purdy S	122	122	0	none	X055-X240-X030-XXXX
RRD Ranch	285	285	1	none	X055-X020-X007-XXXX X055-X020-X008-XXXX X055-X100-X019-XXXX
S Goss	60	60	0	none	X055-X350-X001-XXXX
SE Big Bottom	48	48	0	none	X055-X210-X050-XXXX X055-X224-X043-XXXX
SW Pike	95	95	0	none	X055-X250-X044-XXXX
Tabor	30	30	0	none	X055-X233-X001-XXXX X055-X233-X002-XXXX X055-X233-X003-XXXX
Telegraph AJ	77	77	2	both	X055-X030-X035-XXXX
Van Ranch	50	50	2	both	X055-X030-X017-XXXX X055-X030-X036-XXXX
W Big Bottom	80	80	0	none	X055-X210-X045-XXXX
West Orestimba	90	90	1	manure	X049-X360-X006-XXXX
West Pike	80	80	0	none	X055-X224-X043-XXXX X055-X224-X044-XXXX
Wilson Ranch	513	513	1	none	X045-X070-X002-XXXX X045-X080-X016-XXXX X045-X080-X017-XXXX X045-X080-X018-XXXX X045-X080-X019-XXXX X045-X280-X011-XXXX
Totals for areas that were used for application	1,061	1,061	26		
Totals for areas that were not used for application	4,359	4,359	12		
Land application area totals	5,420	5,420	38		

B. CROPS AND HARVESTS

700 Ranch

700 Ranch

Field name: 700 Ranch

01/01/2023: Almond, in shell

Crop: Almond, in shell Acres planted: 702 Plant date: 01/01/2023

Harvest date	Yield	Reporting basis	Density (lbs/cu ft)	Moisture (%)	N (mg/kg)	P (mg/kg)	K (mg/kg)	Salt (mg/kg)	TFS (%)
12/31/2023	856.18 *ton*	As-is		10.0	65,000.00	11,000.00	70,500.00		0.00

	Yield (tons/acre)	Total N (lbs/acre)	Total P (lbs/acre)	Total K (lbs/acre)	Salt (lbs/acre)
Anticipated harvest content	4.00	152.80	16.80	146.40	0.00
Total actual harvest content	1.22	158.55	26.83	171.97	0.00

AJ 7

Field name: AJ 7

10/25/2022: Oats, silage-soft dough

Crop: Oats, silage-soft dough Acres planted: 40 Plant date: 10/25/2022

Harvest date	Yield	Reporting basis	Density (lbs/cu ft)	Moisture (%)	N (mg/kg)	P (mg/kg)	K (mg/kg)	Salt (mg/kg)	TFS (%)
05/01/2023	695.00 *ton*	As-is		56.8	3,800.00	300.00	4,000.00		8.58

	Yield (tons/acre)	Total N (lbs/acre)	Total P (lbs/acre)	Total K (lbs/acre)	Salt (lbs/acre)
Anticipated harvest content	16.00	160.00	25.60	132.80	0.00
Total actual harvest content	17.38	132.05	10.43	139.00	1,288.03

06/13/2023: Corn, silage

Crop: Corn, silage Acres planted: 40 Plant date: 06/13/2023

Harvest date	Yield	Reporting basis	Density (lbs/cu ft)	Moisture (%)	N (mg/kg)	P (mg/kg)	K (mg/kg)	Salt (mg/kg)	TFS (%)
10/02/2023	867.00 *ton*	As-is		70.0	4,900.00	500.00	4,100.00		7.53

	Yield (tons/acre)	Total N (lbs/acre)	Total P (lbs/acre)	Total K (lbs/acre)	Salt (lbs/acre)
Anticipated harvest content	30.00	240.00	45.00	198.00	0.00
Total actual harvest content	21.68	212.42	21.68	177.74	979.28

AJ Beef

Field name: AJ Beef

11/17/2022: Oats, silage-soft dough

Crop: Oats, silage-soft dough Acres planted: 105 Plant date: 11/17/2022

Harvest date	Yield	Reporting basis	Density (lbs/cu ft)	Moisture (%)	N (mg/kg)	P (mg/kg)	K (mg/kg)	Salt (mg/kg)	TFS (%)
05/08/2023	1,837.00 *ton*	As-is		56.8	3,800.00	300.00	4,000.00		8.58

	Yield (tons/acre)	Total N (lbs/acre)	Total P (lbs/acre)	Total K (lbs/acre)	Salt (lbs/acre)
Anticipated harvest content	16.00	160.00	25.60	132.80	0.00
Total actual harvest content	17.50	132.96	10.50	139.96	1,296.94

06/26/2023: Corn, silage

Crop: Corn, silage Acres planted: 105 Plant date: 06/26/2023

Harvest date	Yield	Reporting basis	Density (lbs/cu ft)	Moisture (%)	N (mg/kg)	P (mg/kg)	K (mg/kg)	Salt (mg/kg)	TFS (%)
10/11/2023	2,165.00 *ton*	As-is		70.0	4,900.00	500.00	4,100.00		7.53

	Yield (tons/acre)	Total N (lbs/acre)	Total P (lbs/acre)	Total K (lbs/acre)	Salt (lbs/acre)
Anticipated harvest content	30.00	240.00	45.00	198.00	0.00
Total actual harvest content	20.62	202.07	20.62	169.08	931.57

AJ Blow Rd

Field name: AJ Blow Rd

10/05/2022: Rye Grass Silage

Crop: Rye Grass Silage Acres planted: 35 Plant date: 10/05/2022

Harvest date	Yield	Reporting basis	Density (lbs/cu ft)	Moisture (%)	N (mg/kg)	P (mg/kg)	K (mg/kg)	Salt (mg/kg)	TFS (%)
04/11/2023	673.00 *ton*	As-is		56.8	3,800.00	300.00	4,000.00		8.58

	Yield (tons/acre)	Total N (lbs/acre)	Total P (lbs/acre)	Total K (lbs/acre)	Salt (lbs/acre)
Anticipated harvest content	16.00	272.00	40.00	262.40	0.00
Total actual harvest content	19.23	146.14	11.54	153.83	1,425.44

AJ Blow Rd

06/23/2023: Corn, silage

Crop: Corn, silage Acres planted: 35 Plant date: 06/23/2023

Harvest date	Yield	Reporting basis	Density (lbs/cu ft)	Moisture (%)	N (mg/kg)	P (mg/kg)	K (mg/kg)	Salt (mg/kg)	TFS (%)
10/10/2023	773.00 *ton*	As-is		70.0	4,900.00	500.00	4,100.00		7.53

	Yield (tons/acre)	Total N (lbs/acre)	Total P (lbs/acre)	Total K (lbs/acre)	Salt (lbs/acre)
Anticipated harvest content	30.00	240.00	45.00	198.00	0.00
Total actual harvest content	22.09	216.44	22.09	181.10	997.83

AJ D East

Field name: AJ D East

10/05/2022: Rye Grass Silage

Crop: Rye Grass Silage Acres planted: 22 Plant date: 10/05/2022

Harvest date	Yield	Reporting basis	Density (lbs/cu ft)	Moisture (%)	N (mg/kg)	P (mg/kg)	K (mg/kg)	Salt (mg/kg)	TFS (%)
04/11/2023	500.00 *ton*	As-is		57.0	3,700.00	300.00	3,800.00		10.30

	Yield (tons/acre)	Total N (lbs/acre)	Total P (lbs/acre)	Total K (lbs/acre)	Salt (lbs/acre)
Anticipated harvest content	16.00	272.00	40.00	262.40	0.00
Total actual harvest content	22.73	168.18	13.64	172.73	2,013.18

06/22/2023: Corn, silage

Crop: Corn, silage Acres planted: 22 Plant date: 06/22/2023

Harvest date	Yield	Reporting basis	Density (lbs/cu ft)	Moisture (%)	N (mg/kg)	P (mg/kg)	K (mg/kg)	Salt (mg/kg)	TFS (%)
10/09/2023	645.50 *ton*	As-is		75.4	3,200.00	500.00	4,100.00		8.99

	Yield (tons/acre)	Total N (lbs/acre)	Total P (lbs/acre)	Total K (lbs/acre)	Salt (lbs/acre)
Anticipated harvest content	30.00	240.00	45.00	198.00	0.00
Total actual harvest content	29.34	187.78	29.34	240.60	1,297.77

AJ D North

Field name: AJ D North

01/01/2023: Alfalfa, hay

Crop: Alfalfa, hay Acres planted: 57 Plant date: 01/01/2023

Harvest date	Yield	Reporting basis	Density (lbs/cu ft)	Moisture (%)	N (mg/kg)	P (mg/kg)	K (mg/kg)	Salt (mg/kg)	TFS (%)
12/31/2023	566.00 *ton*	As-is		12.8	20,800.00	2,700.00	11,300.00		8.90

	Yield (tons/acre)	Total N (lbs/acre)	Total P (lbs/acre)	Total K (lbs/acre)	Salt (lbs/acre)
Anticipated harvest content	8.00	480.00	43.20	336.00	0.00
Total actual harvest content	9.93	413.08	53.62	224.41	1,541.27

AJ D West

Field name: AJ D West

10/28/2022: Oats, silage-soft dough

Crop: Oats, silage-soft dough Acres planted: 55 Plant date: 10/28/2022

Harvest date	Yield	Reporting basis	Density (lbs/cu ft)	Moisture (%)	N (mg/kg)	P (mg/kg)	K (mg/kg)	Salt (mg/kg)	TFS (%)
05/15/2023	1,140.00 *ton*	As-is		57.0	3,700.00	300.00	3,800.00		10.30

	Yield (tons/acre)	Total N (lbs/acre)	Total P (lbs/acre)	Total K (lbs/acre)	Salt (lbs/acre)
Anticipated harvest content	16.00	160.00	25.60	132.80	0.00
Total actual harvest content	20.73	153.38	12.44	157.53	1,836.02

06/29/2023: Corn, silage

Crop: Corn, silage Acres planted: 55 Plant date: 06/29/2023

Harvest date	Yield	Reporting basis	Density (lbs/cu ft)	Moisture (%)	N (mg/kg)	P (mg/kg)	K (mg/kg)	Salt (mg/kg)	TFS (%)
10/16/2023	1,550.50 *ton*	As-is		75.4	3,200.00	500.00	4,100.00		8.99

	Yield (tons/acre)	Total N (lbs/acre)	Total P (lbs/acre)	Total K (lbs/acre)	Salt (lbs/acre)
Anticipated harvest content	30.00	240.00	45.00	198.00	0.00
Total actual harvest content	28.19	180.42	28.19	231.17	1,246.91

AJ R Racks

Field name: AJ R Racks

10/26/2022: Oats, silage-soft dough

Crop: Oats, silage-soft dough Acres planted: 60 Plant date: 10/26/2022

Harvest date	Yield	Reporting basis	Density (lbs/cu ft)	Moisture (%)	N (mg/kg)	P (mg/kg)	K (mg/kg)	Salt (mg/kg)	TFS (%)
04/27/2023	1,240.00 *ton*	As-is		57.0	3,700.00	300.00	3,800.00		10.30

	Yield (tons/acre)	Total N (lbs/acre)	Total P (lbs/acre)	Total K (lbs/acre)	Salt (lbs/acre)
Anticipated harvest content	16.00	160.00	25.60	132.80	0.00
Total actual harvest content	20.67	152.93	12.40	157.07	1,830.65

06/30/2023: Corn, silage

Crop: Corn, silage Acres planted: 60 Plant date: 06/30/2023

Harvest date	Yield	Reporting basis	Density (lbs/cu ft)	Moisture (%)	N (mg/kg)	P (mg/kg)	K (mg/kg)	Salt (mg/kg)	TFS (%)
10/14/2023	1,744.80 *ton*	As-is		69.6	3,200.00	600.00	2,600.00		6.21

	Yield (tons/acre)	Total N (lbs/acre)	Total P (lbs/acre)	Total K (lbs/acre)	Salt (lbs/acre)
Anticipated harvest content	30.00	240.00	45.00	198.00	0.00
Total actual harvest content	29.08	186.11	34.90	151.22	1,097.97

AJ South

Field name: AJ South

11/11/2022: Oats, silage-soft dough

Crop: Oats, silage-soft dough Acres planted: 150 Plant date: 11/11/2022

Harvest date	Yield	Reporting basis	Density (lbs/cu ft)	Moisture (%)	N (mg/kg)	P (mg/kg)	K (mg/kg)	Salt (mg/kg)	TFS (%)
05/01/2023	2,880.00 *ton*	As-is		70.0	5,400.00	300.00	3,200.00		8.69

	Yield (tons/acre)	Total N (lbs/acre)	Total P (lbs/acre)	Total K (lbs/acre)	Salt (lbs/acre)
Anticipated harvest content	16.00	160.00	25.60	132.80	0.00
Total actual harvest content	19.20	207.36	11.52	122.88	1,001.09

AJ South

06/05/2023: Corn, silage

Crop: Corn, silage Acres planted: 150 Plant date: 06/05/2023

Harvest date	Yield	Reporting basis	Density (lbs/cu ft)	Moisture (%)	N (mg/kg)	P (mg/kg)	K (mg/kg)	Salt (mg/kg)	TFS (%)
09/20/2023	4,461.00 *ton*	As-is		69.6	3,200.00	600.00	2,600.00		6.21

	Yield (tons/acre)	Total N (lbs/acre)	Total P (lbs/acre)	Total K (lbs/acre)	Salt (lbs/acre)
Anticipated harvest content	30.00	240.00	45.00	198.00	0.00
Total actual harvest content	29.74	190.34	35.69	154.65	1,122.89

Big Bottom

Field name: Big Bottom

01/01/2023: Alfalfa, hay

Crop: Alfalfa, hay Acres planted: 120 Plant date: 01/01/2023

Harvest date	Yield	Reporting basis	Density (lbs/cu ft)	Moisture (%)	N (mg/kg)	P (mg/kg)	K (mg/kg)	Salt (mg/kg)	TFS (%)
12/31/2023	405.60 *ton*	As-is		9.9	32,200.00	2,200.00	17,600.00		9.00

	Yield (tons/acre)	Total N (lbs/acre)	Total P (lbs/acre)	Total K (lbs/acre)	Salt (lbs/acre)
Anticipated harvest content	8.00	480.00	43.20	336.00	0.00
Total actual harvest content	3.38	217.67	14.87	118.98	548.17

Borges

Field name: Borges

Borges

01/01/2023: Almond, in shell

Crop: Almond, in shell Acres planted: 30 Plant date: 01/01/2023

Harvest date	Yield	Reporting basis	Density (lbs/cu ft)	Moisture (%)	N (mg/kg)	P (mg/kg)	K (mg/kg)	Salt (mg/kg)	TFS (%)
12/31/2023	34.85 *ton*	As-is		10.0	65,000.00	11,000.00	70,500.00		0.00

	Yield (tons/acre)	Total N (lbs/acre)	Total P (lbs/acre)	Total K (lbs/acre)	Salt (lbs/acre)
Anticipated harvest content	4.00	152.80	16.80	146.40	0.00
Total actual harvest content	1.16	151.02	25.56	163.80	0.00

Fremont

Field name: Fremont

10/27/2022: Oats, silage-soft dough

Crop: Oats, silage-soft dough Acres planted: 140 Plant date: 10/27/2022

Harvest date	Yield	Reporting basis	Density (lbs/cu ft)	Moisture (%)	N (mg/kg)	P (mg/kg)	K (mg/kg)	Salt (mg/kg)	TFS (%)
04/13/2023	2,870.00 *ton*	As-is		74.6	3,800.00	700.00	6,100.00		13.10

	Yield (tons/acre)	Total N (lbs/acre)	Total P (lbs/acre)	Total K (lbs/acre)	Salt (lbs/acre)
Anticipated harvest content	16.00	160.00	25.60	132.80	0.00
Total actual harvest content	20.50	155.80	28.70	250.10	1,364.23

05/31/2023: Corn, silage

Crop: Corn, silage Acres planted: 140 Plant date: 05/31/2023

Harvest date	Yield	Reporting basis	Density (lbs/cu ft)	Moisture (%)	N (mg/kg)	P (mg/kg)	K (mg/kg)	Salt (mg/kg)	TFS (%)
09/25/2023	3,434.00 *ton*	As-is		70.0	4,900.00	500.00	4,100.00		7.53

	Yield (tons/acre)	Total N (lbs/acre)	Total P (lbs/acre)	Total K (lbs/acre)	Salt (lbs/acre)
Anticipated harvest content	30.00	240.00	45.00	198.00	0.00
Total actual harvest content	24.53	240.38	24.53	201.13	1,108.20

Gette 3

Field name: Gette 3

10/19/2022: Oats, silage-soft dough

Crop: Oats, silage-soft dough Acres planted: 36 Plant date: 10/19/2022

Harvest date	Yield	Reporting basis	Density (lbs/cu ft)	Moisture (%)	N (mg/kg)	P (mg/kg)	K (mg/kg)	Salt (mg/kg)	TFS (%)
05/03/2023	799.00 *ton*	As-is		73.2	3,700.00	800.00	6,700.00		12.60

	Yield (tons/acre)	Total N (lbs/acre)	Total P (lbs/acre)	Total K (lbs/acre)	Salt (lbs/acre)
Anticipated harvest content	16.00	160.00	25.60	132.80	0.00
Total actual harvest content	22.19	164.24	35.51	297.41	1,498.92

07/01/2023: Corn, silage

Crop: Corn, silage Acres planted: 36 Plant date: 07/01/2023

Harvest date	Yield	Reporting basis	Density (lbs/cu ft)	Moisture (%)	N (mg/kg)	P (mg/kg)	K (mg/kg)	Salt (mg/kg)	TFS (%)
10/19/2023	975.00 *ton*	As-is		73.6	3,300.00	400.00	2,800.00		6.97

	Yield (tons/acre)	Total N (lbs/acre)	Total P (lbs/acre)	Total K (lbs/acre)	Salt (lbs/acre)
Anticipated harvest content	30.00	240.00	45.00	198.00	0.00
Total actual harvest content	27.08	178.75	21.67	151.67	996.71

Gette 4

Field name: Gette 4

10/20/2022: Oats, silage-soft dough

Crop: Oats, silage-soft dough Acres planted: 46 Plant date: 10/20/2022

Harvest date	Yield	Reporting basis	Density (lbs/cu ft)	Moisture (%)	N (mg/kg)	P (mg/kg)	K (mg/kg)	Salt (mg/kg)	TFS (%)
05/03/2023	862.00 *ton*	As-is		73.2	3,700.00	800.00	6,700.00		12.60

	Yield (tons/acre)	Total N (lbs/acre)	Total P (lbs/acre)	Total K (lbs/acre)	Salt (lbs/acre)
Anticipated harvest content	16.00	160.00	25.60	132.80	0.00
Total actual harvest content	18.74	138.67	29.98	251.10	1,265.57

Gette 4

06/30/2023: Corn, silage

Crop: Corn, silage Acres planted: 46 Plant date: 06/30/2023

Harvest date	Yield	Reporting basis	Density (lbs/cu ft)	Moisture (%)	N (mg/kg)	P (mg/kg)	K (mg/kg)	Salt (mg/kg)	TFS (%)
10/17/2023	1,414.00 *ton*	As-is		73.6	3,300.00	400.00	2,800.00		6.97

	Yield (tons/acre)	Total N (lbs/acre)	Total P (lbs/acre)	Total K (lbs/acre)	Salt (lbs/acre)
Anticipated harvest content	30.00	240.00	45.00	198.00	0.00
Total actual harvest content	30.74	202.88	24.59	172.14	1,131.25

Hatfield Ranch

Field name: Hatfield Ranch

01/01/2023: Almond, in shell

Crop: Almond, in shell Acres planted: 219 Plant date: 01/01/2023

Harvest date	Yield	Reporting basis	Density (lbs/cu ft)	Moisture (%)	N (mg/kg)	P (mg/kg)	K (mg/kg)	Salt (mg/kg)	TFS (%)
12/31/2023	310.30 *ton*	As-is		10.0	65,000.00	11,000.00	70,500.00		0.00

	Yield (tons/acre)	Total N (lbs/acre)	Total P (lbs/acre)	Total K (lbs/acre)	Salt (lbs/acre)
Anticipated harvest content	4.00	152.80	16.80	146.40	0.00
Total actual harvest content	1.42	184.20	31.17	199.78	0.00

Hawkins Ranch

Field name: Hawkins Ranch

Hawkins Ranch

01/01/2023: Almond, in shell

Crop: Almond, in shell Acres planted: 254 Plant date: 01/01/2023

Harvest date	Yield	Reporting basis	Density (lbs/cu ft)	Moisture (%)	N (mg/kg)	P (mg/kg)	K (mg/kg)	Salt (mg/kg)	TFS (%)
12/31/2023	596.24 *ton*	As-is		10.0	65,000.00	11,000.00	70,500.00		0.00

	Yield (tons/acre)	Total N (lbs/acre)	Total P (lbs/acre)	Total K (lbs/acre)	Salt (lbs/acre)
Anticipated harvest content	4.00	152.80	16.80	146.40	0.00
Total actual harvest content	2.35	305.16	51.64	330.98	0.00

Home Ranch

Field name: Home Ranch

01/01/2023: Almond, in shell

Crop: Almond, in shell Acres planted: 452 Plant date: 01/01/2023

Harvest date	Yield	Reporting basis	Density (lbs/cu ft)	Moisture (%)	N (mg/kg)	P (mg/kg)	K (mg/kg)	Salt (mg/kg)	TFS (%)
12/31/2023	1,166.03 *ton*	As-is		10.0	65,000.00	11,000.00	70,500.00		0.00

	Yield (tons/acre)	Total N (lbs/acre)	Total P (lbs/acre)	Total K (lbs/acre)	Salt (lbs/acre)
Anticipated harvest content	4.00	152.80	16.80	146.40	0.00
Total actual harvest content	2.58	335.36	56.75	363.74	0.00

Judith

Field name: Judith

Judith

01/01/2023: Alfalfa, hay

Crop: Alfalfa, hay Acres planted: 143 Plant date: 01/01/2023

Harvest date	Yield	Reporting basis	Density (lbs/cu ft)	Moisture (%)	N (mg/kg)	P (mg/kg)	K (mg/kg)	Salt (mg/kg)	TFS (%)
12/31/2023	714.00 *ton*	As-is		8.8	29,200.00	2,600.00	28,900.00		11.10

	Yield (tons/acre)	Total N (lbs/acre)	Total P (lbs/acre)	Total K (lbs/acre)	Salt (lbs/acre)
Anticipated harvest content	8.00	480.00	43.20	336.00	0.00
Total actual harvest content	4.99	291.59	25.96	288.60	1,010.90

NW Pike

Field name: NW Pike

11/25/2022: Oats, silage-soft dough

Crop: Oats, silage-soft dough Acres planted: 95 Plant date: 11/25/2022

Harvest date	Yield	Reporting basis	Density (lbs/cu ft)	Moisture (%)	N (mg/kg)	P (mg/kg)	K (mg/kg)	Salt (mg/kg)	TFS (%)
04/29/2023	894.00 *ton*	As-is		64.8	3,700.00	700.00	3,700.00		7.93

	Yield (tons/acre)	Total N (lbs/acre)	Total P (lbs/acre)	Total K (lbs/acre)	Salt (lbs/acre)
Anticipated harvest content	16.00	160.00	25.60	132.80	0.00
Total actual harvest content	9.41	69.64	13.17	69.64	525.36

07/11/2023: Corn, silage

Crop: Corn, silage Acres planted: 95 Plant date: 07/11/2023

Harvest date	Yield	Reporting basis	Density (lbs/cu ft)	Moisture (%)	N (mg/kg)	P (mg/kg)	K (mg/kg)	Salt (mg/kg)	TFS (%)
10/22/2023	1,206.00 *ton*	As-is		74.0	3,700.00	500.00	2,700.00		6.66

	Yield (tons/acre)	Total N (lbs/acre)	Total P (lbs/acre)	Total K (lbs/acre)	Salt (lbs/acre)
Anticipated harvest content	30.00	240.00	45.00	198.00	0.00
Total actual harvest content	12.69	93.94	12.69	68.55	439.64

Purdy Carry

Field name: Purdy Carry

11/25/2022: Oats, silage-soft dough

Crop: Oats, silage-soft dough Acres planted: 155 Plant date: 11/25/2022

Harvest date	Yield	Reporting basis	Density (lbs/cu ft)	Moisture (%)	N (mg/kg)	P (mg/kg)	K (mg/kg)	Salt (mg/kg)	TFS (%)
04/26/2023	2,140.00 *ton*	As-is		58.2	3,400.00	1,000.00	6,600.00		8.66

	Yield (tons/acre)	Total N (lbs/acre)	Total P (lbs/acre)	Total K (lbs/acre)	Salt (lbs/acre)
Anticipated harvest content	16.00	160.00	25.60	132.80	0.00
Total actual harvest content	13.81	93.88	27.61	182.25	999.55

RRD Ranch

Field name: RRD Ranch

01/01/2023: Almond, in shell

Crop: Almond, in shell Acres planted: 285 Plant date: 01/01/2023

Harvest date	Yield	Reporting basis	Density (lbs/cu ft)	Moisture (%)	N (mg/kg)	P (mg/kg)	K (mg/kg)	Salt (mg/kg)	TFS (%)
12/31/2023	295.37 *ton*	As-is		10.0	65,000.00	11,000.00	70,500.00		0.00

	Yield (tons/acre)	Total N (lbs/acre)	Total P (lbs/acre)	Total K (lbs/acre)	Salt (lbs/acre)
Anticipated harvest content	4.00	152.80	16.80	146.40	0.00
Total actual harvest content	1.04	134.73	22.80	146.13	0.00

Telegraph AJ

Field name: Telegraph AJ

Telegraph AJ

10/06/2022: Rye Grass Silage

Crop: Rye Grass Silage Acres planted: 77 Plant date: 10/06/2022

Harvest date	Yield	Reporting basis	Density (lbs/cu ft)	Moisture (%)	N (mg/kg)	P (mg/kg)	K (mg/kg)	Salt (mg/kg)	TFS (%)
04/13/2023	1,396.00 *ton*	As-is		77.6	3,500.00	700.00	5,600.00		14.40

	Yield (tons/acre)	Total N (lbs/acre)	Total P (lbs/acre)	Total K (lbs/acre)	Salt (lbs/acre)
Anticipated harvest content	16.00	272.00	40.00	262.40	0.00
Total actual harvest content	18.13	126.91	25.38	203.05	1,169.59

07/06/2023: Corn, silage

Crop: Corn, silage Acres planted: 77 Plant date: 07/06/2023

Harvest date	Yield	Reporting basis	Density (lbs/cu ft)	Moisture (%)	N (mg/kg)	P (mg/kg)	K (mg/kg)	Salt (mg/kg)	TFS (%)
10/26/2023	2,199.50 *ton*	As-is		69.6	3,200.00	600.00	2,600.00		6.21

	Yield (tons/acre)	Total N (lbs/acre)	Total P (lbs/acre)	Total K (lbs/acre)	Salt (lbs/acre)
Anticipated harvest content	30.00	240.00	45.00	198.00	0.00
Total actual harvest content	28.56	182.82	34.28	148.54	1,078.52

Van Ranch

Field name: Van Ranch

10/06/2022: Oats, silage-soft dough

Crop: Oats, silage-soft dough Acres planted: 50 Plant date: 10/06/2022

Harvest date	Yield	Reporting basis	Density (lbs/cu ft)	Moisture (%)	N (mg/kg)	P (mg/kg)	K (mg/kg)	Salt (mg/kg)	TFS (%)
04/12/2023	811.00 *ton*	As-is		77.6	3,500.00	700.00	5,600.00		14.40

	Yield (tons/acre)	Total N (lbs/acre)	Total P (lbs/acre)	Total K (lbs/acre)	Salt (lbs/acre)
Anticipated harvest content	16.00	160.00	25.60	132.80	0.00
Total actual harvest content	16.22	113.54	22.71	181.66	1,046.38

Van Ranch

06/28/2023: Corn, silage

Crop: Corn, silage Acres planted: 50 Plant date: 06/28/2023

Harvest date	Yield	Reporting basis	Density (lbs/cu ft)	Moisture (%)	N (mg/kg)	P (mg/kg)	K (mg/kg)	Salt (mg/kg)	TFS (%)
10/13/2023	1,039.00 *ton*	As-is		70.0	4,900.00	500.00	4,100.00		7.53

	Yield (tons/acre)	Total N (lbs/acre)	Total P (lbs/acre)	Total K (lbs/acre)	Salt (lbs/acre)
Anticipated harvest content	30.00	240.00	45.00	198.00	0.00
Total actual harvest content	20.78	203.64	20.78	170.40	938.84

West Orestimba

Field name: West Orestimba

07/19/2023: Corn, silage

Crop: Corn, silage Acres planted: 90 Plant date: 07/19/2023

Harvest date	Yield	Reporting basis	Density (lbs/cu ft)	Moisture (%)	N (mg/kg)	P (mg/kg)	K (mg/kg)	Salt (mg/kg)	TFS (%)
10/30/2023	2,096.10 *ton*	As-is		70.0	4,900.00	500.00	4,100.00		7.53

	Yield (tons/acre)	Total N (lbs/acre)	Total P (lbs/acre)	Total K (lbs/acre)	Salt (lbs/acre)
Anticipated harvest content	30.00	240.00	45.00	198.00	0.00
Total actual harvest content	23.29	228.24	23.29	190.98	1,052.24

Wilson Ranch

Field name: Wilson Ranch

Wilson Ranch

07/19/2023: Sudangrass, silage

Crop: Sudangrass, silage Acres planted: 513 Plant date: 07/19/2023

Harvest date	Yield	Reporting basis	Density (lbs/cu ft)	Moisture (%)	N (mg/kg)	P (mg/kg)	K (mg/kg)	Salt (mg/kg)	TFS (%)
11/05/2023	4,690.88 *ton*	As-is		70.0	5,300.00	600.00	4,600.00		17.40

	Yield (tons/acre)	Total N (lbs/acre)	Total P (lbs/acre)	Total K (lbs/acre)	Salt (lbs/acre)
Anticipated harvest content	8.00	88.00	13.60	96.00	0.00
Total actual harvest content	9.14	96.93	10.97	84.12	954.64

NUTRIENT BUDGET

A. LAND APPLICATIONS

700 Ranch - 01/01/2023: Almond, in shell

Field name: 700 Ranch

Crop: Almond, in shell

Plant date: 01/01/2023

Application date	Application method	Precipitation 24 hours prior	Precipitation during application	Precipitation 24 hours following
02/01/2023	Broadcast/incorporate	No precipitation	No precipitation	No precipitation

Source description	Material type	N (lbs/acre)	P (lbs/acre)	K (lbs/acre)	Salt (lbs/acre)	Amount
CAN 17	Solid commercial fertilizer	46.75	0.00	0.00	0.00	
Application event totals		46.75	0.00	0.00	0.00	

04/01/2023	Surface (irrigation)	No precipitation	No precipitation	No precipitation

Source description	Material type	N (lbs/acre)	P (lbs/acre)	K (lbs/acre)	Salt (lbs/acre)	Amount
Canal	Surface water	3.89	0.00	0.00	65.38	100,000,000.00 *gal*
Canal	Surface water	1.15	0.00	0.00	19.40	29,669,930.00 *gal*
Application event totals		5.04	0.00	0.00	84.78	

05/01/2023	Surface (irrigation)	No precipitation	No precipitation	No precipitation

Source description	Material type	N (lbs/acre)	P (lbs/acre)	K (lbs/acre)	Salt (lbs/acre)	Amount
UN32	Solid commercial fertilizer	80.00	0.00	0.00	0.00	
Canal	Surface water	3.89	0.00	0.00	65.38	100,000,000.00 *gal*
Canal	Surface water	0.77	0.00	0.00	12.88	19,700,000.00 *gal*
Application event totals		84.65	0.00	0.00	78.26	

06/01/2023	Surface (irrigation)	No precipitation	No precipitation	No precipitation

Source description	Material type	N (lbs/acre)	P (lbs/acre)	K (lbs/acre)	Salt (lbs/acre)	Amount
Canal	Surface water	3.89	0.00	0.00	65.38	100,000,000.00 *gal*
Canal	Surface water	1.71	0.00	0.00	28.80	44,046,930.00 *gal*
Application event totals		5.60	0.00	0.00	94.18	

700 Ranch - 01/01/2023: Almond, in shell

Application date	Application method	Precipitation 24 hours prior	Precipitation during application	Precipitation 24 hours following
07/01/2023	Surface (irrigation)	No precipitation	No precipitation	No precipitation

Source description	Material type	N (lbs/acre)	P (lbs/acre)	K (lbs/acre)	Salt (lbs/acre)	Amount
Canal	Surface water	3.89	0.00	0.00	65.38	100,000,000.00 *gal*
Canal	Surface water	0.35	0.00	0.00	5.82	8,897,750.00 *gal*
Application event totals		4.23	0.00	0.00	71.20	

Application date	Application method	Precipitation 24 hours prior	Precipitation during application	Precipitation 24 hours following
08/01/2023	Surface (irrigation)	No precipitation	No precipitation	No precipitation

Source description	Material type	N (lbs/acre)	P (lbs/acre)	K (lbs/acre)	Salt (lbs/acre)	Amount
Canal	Surface water	3.89	0.00	0.00	65.38	100,000,000.00 *gal*
Canal	Surface water	2.68	0.00	0.00	45.03	68,873,716.00 *gal*
Application event totals		6.56	0.00	0.00	110.41	

Application date	Application method	Precipitation 24 hours prior	Precipitation during application	Precipitation 24 hours following
09/01/2023	Surface (irrigation)	No precipitation	No precipitation	No precipitation

Source description	Material type	N (lbs/acre)	P (lbs/acre)	K (lbs/acre)	Salt (lbs/acre)	Amount
Canal	Surface water	3.89	0.00	0.00	65.38	100,000,000.00 *gal*
Canal	Surface water	0.81	0.00	0.00	13.59	20,789,260.00 *gal*
Application event totals		4.70	0.00	0.00	78.97	

AJ 7 - 10/25/2022: Oats, silage-soft dough

Field name: AJ 7

Crop: Oats, silage-soft dough

Plant date: 10/25/2022

Application date	Application method	Precipitation 24 hours prior	Precipitation during application	Precipitation 24 hours following
10/08/2022	Surface (irrigation)	No precipitation	No precipitation	No precipitation

Source description	Material type	N (lbs/acre)	P (lbs/acre)	K (lbs/acre)	Salt (lbs/acre)	Amount
WWS	Process wastewater	74.92	11.55	120.19	651.16	580,150.00 *gal*
River	Surface water	5.60	0.00	0.00	21.80	6,967,520.00 *gal*
Application event totals		80.52	11.55	120.19	672.97	

AJ 7 - 10/25/2022: Oats, silage-soft dough

Application date	Application method	Precipitation 24 hours prior	Precipitation during application	Precipitation 24 hours following
01/10/2023	Surface (irrigation)	No precipitation	No precipitation	No precipitation

Source description	Material type	N (lbs/acre)	P (lbs/acre)	K (lbs/acre)	Salt (lbs/acre)	Amount
WWS	Process wastewater	44.89	8.12	132.07	580.27	655,995.00 *gal*
River	Surface water	3.31	0.00	0.00	12.89	4,119,560.00 *gal*
Application event totals		48.20	8.12	132.07	593.17	

Application date	Application method	Precipitation 24 hours prior	Precipitation during application	Precipitation 24 hours following
03/12/2023	Surface (irrigation)	No precipitation	No precipitation	No precipitation

Source description	Material type	N (lbs/acre)	P (lbs/acre)	K (lbs/acre)	Salt (lbs/acre)	Amount
River	Surface water	2.51	0.00	0.00	9.78	3,126,080.00 *gal*
Application event totals		2.51	0.00	0.00	9.78	

Application date	Application method	Precipitation 24 hours prior	Precipitation during application	Precipitation 24 hours following
04/19/2023	Pipeline	No precipitation	No precipitation	No precipitation

Source description	Material type	N (lbs/acre)	P (lbs/acre)	K (lbs/acre)	Salt (lbs/acre)	Amount
WWS	Process wastewater	37.87	1.40	52.49	414.77	308,714.00 *gal*
River	Surface water	2.24	0.00	0.00	8.74	2,792,600.00 *gal*
Application event totals		40.11	1.40	52.49	423.51	

AJ 7 - 06/13/2023: Corn, silage

Field name: AJ 7

Crop: Corn, silage

Plant date: 06/13/2023

Application date	Application method	Precipitation 24 hours prior	Precipitation during application	Precipitation 24 hours following
05/28/2023	Surface (irrigation)	No precipitation	No precipitation	No precipitation

Source description	Material type	N (lbs/acre)	P (lbs/acre)	K (lbs/acre)	Salt (lbs/acre)	Amount
WWS	Process wastewater	36.85	1.36	51.08	403.61	300,410.00 *gal*
River	Surface water	5.85	0.00	0.00	22.80	7,284,640.00 *gal*
Application event totals		42.70	1.36	51.08	426.41	

AJ 7 - 06/13/2023: Corn, silage

Application date	Application method	Precipitation 24 hours prior	Precipitation during application	Precipitation 24 hours following
06/13/2023	Broadcast/incorporate	No precipitation	No precipitation	No precipitation

Source description	Material type	N (lbs/acre)	P (lbs/acre)	K (lbs/acre)	Salt (lbs/acre)	Amount
6-19-1	Solid commercial fertilizer	12.00	38.00	2.00	0.00	
Application event totals		12.00	38.00	2.00	0.00	

Application date	Application method	Precipitation 24 hours prior	Precipitation during application	Precipitation 24 hours following
07/01/2023	Surface (irrigation)	No precipitation	No precipitation	No precipitation

Source description	Material type	N (lbs/acre)	P (lbs/acre)	K (lbs/acre)	Salt (lbs/acre)	Amount
UN32	Solid commercial fertilizer	80.00	0.00	0.00	0.00	
River	Surface water	7.00	0.00	0.00	27.28	8,715,920.00 *gal*
Application event totals		87.00	0.00	0.00	27.28	

Application date	Application method	Precipitation 24 hours prior	Precipitation during application	Precipitation 24 hours following
07/18/2023	Surface (irrigation)	No precipitation	No precipitation	No precipitation

Source description	Material type	N (lbs/acre)	P (lbs/acre)	K (lbs/acre)	Salt (lbs/acre)	Amount
WWS	Process wastewater	67.41	9.24	98.97	737.46	620,150.00 *gal*
River	Surface water	5.11	0.00	0.00	19.92	6,365,800.00 *gal*
Application event totals		72.52	9.24	98.97	757.38	

Application date	Application method	Precipitation 24 hours prior	Precipitation during application	Precipitation 24 hours following
07/31/2023	Surface (irrigation)	No precipitation	No precipitation	No precipitation

Source description	Material type	N (lbs/acre)	P (lbs/acre)	K (lbs/acre)	Salt (lbs/acre)	Amount
River	Surface water	5.87	0.00	0.00	22.86	7,304,360.00 *gal*
Application event totals		5.87	0.00	0.00	22.86	

Application date	Application method	Precipitation 24 hours prior	Precipitation during application	Precipitation 24 hours following
08/19/2023	Surface (irrigation)	No precipitation	No precipitation	No precipitation

Source description	Material type	N (lbs/acre)	P (lbs/acre)	K (lbs/acre)	Salt (lbs/acre)	Amount
WWS	Process wastewater	46.40	6.36	68.13	507.67	426,915.00 *gal*
River	Surface water	4.01	0.00	0.00	15.62	4,991,400.00 *gal*
Application event totals		50.41	6.36	68.13	523.29	

AJ 7 - 06/13/2023: Corn, silage

Application date	Application method	Precipitation 24 hours prior	Precipitation during application	Precipitation 24 hours following
09/06/2023	Surface (irrigation)	No precipitation	No precipitation	No precipitation

Source description	Material type	N (lbs/acre)	P (lbs/acre)	K (lbs/acre)	Salt (lbs/acre)	Amount
River	Surface water	4.57	0.00	0.00	17.79	5,686,000.00 *gal*
Application event totals		4.57	0.00	0.00	17.79	

AJ Beef - 11/17/2022: Oats, silage-soft dough

Field name: AJ Beef

Crop: Oats, silage-soft dough

Plant date: 11/17/2022

Application date	Application method	Precipitation 24 hours prior	Precipitation during application	Precipitation 24 hours following
10/11/2022	Broadcast/incorporate	No precipitation	No precipitation	No precipitation

Source description	Material type	N (lbs/acre)	P (lbs/acre)	K (lbs/acre)	Salt (lbs/acre)	Amount
Solid Manure	Corral solids	123.88	63.14	245.35	4,739.26	630.00 *ton*
Application event totals		123.88	63.14	245.35	4,739.26	

10/20/2022	Surface (irrigation)	No precipitation	No precipitation	No precipitation

Source description	Material type	N (lbs/acre)	P (lbs/acre)	K (lbs/acre)	Salt (lbs/acre)	Amount
River	Surface water	5.44	0.00	0.00	21.20	17,779,230.00 *gal*
Application event totals		5.44	0.00	0.00	21.20	

02/06/2023	Surface (irrigation)	No precipitation	No precipitation	No precipitation

Source description	Material type	N (lbs/acre)	P (lbs/acre)	K (lbs/acre)	Salt (lbs/acre)	Amount
River	Surface water	3.78	0.00	0.00	14.72	12,350,415.00 *gal*
Application event totals		3.78	0.00	0.00	14.72	

03/10/2023	Surface (irrigation)	No precipitation	No precipitation	No precipitation

Source description	Material type	N (lbs/acre)	P (lbs/acre)	K (lbs/acre)	Salt (lbs/acre)	Amount
River	Surface water	2.88	0.00	0.00	11.21	9,403,905.00 *gal*
Application event totals		2.88	0.00	0.00	11.21	

AJ Beef - 11/17/2022: Oats, silage-soft dough

Application date	Application method	Precipitation 24 hours prior	Precipitation during application	Precipitation 24 hours following
04/09/2023	Surface (irrigation)	No precipitation	No precipitation	No precipitation

Source description	Material type	N (lbs/acre)	P (lbs/acre)	K (lbs/acre)	Salt (lbs/acre)	Amount
River	Surface water	3.29	0.00	0.00	12.83	10,763,760.00 *gal*
Application event totals		3.29	0.00	0.00	12.83	

AJ Beef - 06/26/2023: Corn, silage

Field name: AJ Beef

Crop: Corn, silage

Plant date: 06/26/2023

Application date	Application method	Precipitation 24 hours prior	Precipitation during application	Precipitation 24 hours following
06/04/2023	Broadcast/incorporate	No precipitation	No precipitation	No precipitation

Source description	Material type	N (lbs/acre)	P (lbs/acre)	K (lbs/acre)	Salt (lbs/acre)	Amount
Solid Manure	Separator solids	121.65	10.80	17.44	0.00	420.00 *ton*
Application event totals		121.65	10.80	17.44	0.00	

06/12/2023	Surface (irrigation)	No precipitation	No precipitation	No precipitation

Source description	Material type	N (lbs/acre)	P (lbs/acre)	K (lbs/acre)	Salt (lbs/acre)	Amount
River	Surface water	5.87	0.00	0.00	22.87	19,182,450.00 *gal*
Application event totals		5.87	0.00	0.00	22.87	

06/26/2023	Broadcast/incorporate	No precipitation	No precipitation	No precipitation

Source description	Material type	N (lbs/acre)	P (lbs/acre)	K (lbs/acre)	Salt (lbs/acre)	Amount
6-19-1	Solid commercial fertilizer	12.00	38.00	0.00	0.00	
Application event totals		12.00	38.00	0.00	0.00	

07/30/2023	Surface (irrigation)	No precipitation	No precipitation	No precipitation

Source description	Material type	N (lbs/acre)	P (lbs/acre)	K (lbs/acre)	Salt (lbs/acre)	Amount
UN32	Solid commercial fertilizer	80.00	0.00	0.00	0.00	
River	Surface water	5.24	0.00	0.00	20.43	17,136,105.00 *gal*
Application event totals		85.24	0.00	0.00	20.43	

AJ Beef - 06/26/2023: Corn, silage

Application date	Application method	Precipitation 24 hours prior	Precipitation during application	Precipitation 24 hours following
08/12/2023	Surface (irrigation)	No precipitation	No precipitation	No precipitation

Source description	Material type	N (lbs/acre)	P (lbs/acre)	K (lbs/acre)	Salt (lbs/acre)	Amount
River	Surface water	6.32	0.00	0.00	24.63	20,661,465.00 *gal*
Application event totals		6.32	0.00	0.00	24.63	

Application date	Application method	Precipitation 24 hours prior	Precipitation during application	Precipitation 24 hours following
08/27/2023	Surface (irrigation)	No precipitation	No precipitation	No precipitation

Source description	Material type	N (lbs/acre)	P (lbs/acre)	K (lbs/acre)	Salt (lbs/acre)	Amount
River	Surface water	4.91	0.00	0.00	19.12	16,040,955.00 *gal*
Application event totals		4.91	0.00	0.00	19.12	

Application date	Application method	Precipitation 24 hours prior	Precipitation during application	Precipitation 24 hours following
09/10/2023	Surface (irrigation)	No precipitation	No precipitation	No precipitation

Source description	Material type	N (lbs/acre)	P (lbs/acre)	K (lbs/acre)	Salt (lbs/acre)	Amount
River	Surface water	4.16	0.00	0.00	16.21	13,598,760.00 *gal*
Application event totals		4.16	0.00	0.00	16.21	

Application date	Application method	Precipitation 24 hours prior	Precipitation during application	Precipitation 24 hours following
09/22/2023	Surface (irrigation)	No precipitation	No precipitation	No precipitation

Source description	Material type	N (lbs/acre)	P (lbs/acre)	K (lbs/acre)	Salt (lbs/acre)	Amount
River	Surface water	4.51	0.00	0.00	17.56	14,726,775.00 *gal*
Application event totals		4.51	0.00	0.00	17.56	

AJ Blow Rd - 10/05/2022: Rye Grass Silage

Field name: AJ Blow Rd

Crop: Rye Grass Silage

Plant date: 10/05/2022

Application date	Application method	Precipitation 24 hours prior	Precipitation during application	Precipitation 24 hours following
09/19/2022	Surface (irrigation)	No precipitation	No precipitation	No precipitation

Source description	Material type	N (lbs/acre)	P (lbs/acre)	K (lbs/acre)	Salt (lbs/acre)	Amount
WWS	Process wastewater	67.49	9.88	68.92	453.87	351,214.00 *gal*
River	Surface water	5.58	0.00	0.00	21.73	6,076,385.00 *gal*
Application event totals		73.07	9.88	68.92	475.60	

AJ Blow Rd - 10/05/2022: Rye Grass Silage

Application date	Application method	Precipitation 24 hours prior	Precipitation during application	Precipitation 24 hours following
12/18/2022	Surface (irrigation)	No precipitation	No precipitation	No precipitation

Source description	Material type	N (lbs/acre)	P (lbs/acre)	K (lbs/acre)	Salt (lbs/acre)	Amount
WWS	Process wastewater	39.81	5.83	40.65	267.71	207,159.00 *gal*
Application event totals		39.81	5.83	40.65	267.71	

Application date	Application method	Precipitation 24 hours prior	Precipitation during application	Precipitation 24 hours following
02/03/2023	Surface (irrigation)	No precipitation	No precipitation	No precipitation

Source description	Material type	N (lbs/acre)	P (lbs/acre)	K (lbs/acre)	Salt (lbs/acre)	Amount
WWS	Process wastewater	43.87	4.67	55.97	539.66	300,188.00 *gal*
River	Surface water	3.89	0.00	0.00	15.15	4,235,035.00 *gal*
Application event totals		47.76	4.67	55.97	554.81	

Application date	Application method	Precipitation 24 hours prior	Precipitation during application	Precipitation 24 hours following
03/19/2023	Surface (irrigation)	No precipitation	No precipitation	No precipitation

Source description	Material type	N (lbs/acre)	P (lbs/acre)	K (lbs/acre)	Salt (lbs/acre)	Amount
River	Surface water	3.22	0.00	0.00	12.53	3,504,130.00 *gal*
Application event totals		3.22	0.00	0.00	12.53	

AJ Blow Rd - 06/23/2023: Corn, silage

Field name: AJ Blow Rd

Crop: Corn, silage

Plant date: 06/23/2023

Application date	Application method	Precipitation 24 hours prior	Precipitation during application	Precipitation 24 hours following
06/09/2023	Surface (irrigation)	No precipitation	No precipitation	No precipitation

Source description	Material type	N (lbs/acre)	P (lbs/acre)	K (lbs/acre)	Salt (lbs/acre)	Amount
WWS	Process wastewater	81.72	7.56	85.19	1,161.17	455,150.00 *gal*
River	Surface water	5.79	0.00	0.00	22.57	6,311,270.00 *gal*
Application event totals		87.51	7.56	85.19	1,183.74	

AJ Blow Rd - 06/23/2023: Corn, silage

Application date	Application method	Precipitation 24 hours prior	Precipitation during application	Precipitation 24 hours following
06/23/2023	Broadcast/incorporate	No precipitation	No precipitation	No precipitation

Source description	Material type	N (lbs/acre)	P (lbs/acre)	K (lbs/acre)	Salt (lbs/acre)	Amount
6-19-1	Solid commercial fertilizer	12.00	38.00	2.00	0.00	
Application event totals		12.00	38.00	2.00	0.00	

07/28/2023	Surface (irrigation)	No precipitation	No precipitation	No precipitation

Source description	Material type	N (lbs/acre)	P (lbs/acre)	K (lbs/acre)	Salt (lbs/acre)	Amount
UN32	Solid commercial fertilizer	80.00	0.00	0.00	0.00	
River	Surface water	5.40	0.00	0.00	21.04	5,883,955.00 *gal*
Application event totals		85.40	0.00	0.00	21.04	

08/10/2023	Surface (irrigation)	No precipitation	No precipitation	No precipitation

Source description	Material type	N (lbs/acre)	P (lbs/acre)	K (lbs/acre)	Salt (lbs/acre)	Amount
WWS	Process wastewater	34.16	5.56	57.45	458.45	306,180.00 *gal*
River	Surface water	6.42	0.00	0.00	25.03	6,998,525.00 *gal*
Application event totals		40.59	5.56	57.45	483.48	

08/25/2023	Surface (irrigation)	No precipitation	No precipitation	No precipitation

Source description	Material type	N (lbs/acre)	P (lbs/acre)	K (lbs/acre)	Salt (lbs/acre)	Amount
River	Surface water	4.12	0.00	0.00	16.04	4,483,920.00 *gal*
Application event totals		4.12	0.00	0.00	16.04	

09/08/2023	Surface (irrigation)	No precipitation	No precipitation	No precipitation

Source description	Material type	N (lbs/acre)	P (lbs/acre)	K (lbs/acre)	Salt (lbs/acre)	Amount
WWS	Process wastewater	32.09	5.22	53.97	430.67	287,622.00 *gal*
River	Surface water	4.42	0.00	0.00	17.23	4,816,420.00 *gal*
Application event totals		36.52	5.22	53.97	447.89	

AJ Blow Rd - 06/23/2023: Corn, silage

Application date	Application method	Precipitation 24 hours prior	Precipitation during application	Precipitation 24 hours following
09/20/2023	Surface (irrigation)	No precipitation	No precipitation	No precipitation

Source description	Material type	N (lbs/acre)	P (lbs/acre)	K (lbs/acre)	Salt (lbs/acre)	Amount
River	Surface water	4.51	0.00	0.00	17.55	4,907,875.00 *gal*
Application event totals		4.51	0.00	0.00	17.55	

AJ D East - 10/05/2022: Rye Grass Silage

Field name: AJ D East

Crop: Rye Grass Silage

Plant date: 10/05/2022

Application date	Application method	Precipitation 24 hours prior	Precipitation during application	Precipitation 24 hours following
10/10/2022	Surface (irrigation)	No precipitation	No precipitation	No precipitation

Source description	Material type	N (lbs/acre)	P (lbs/acre)	K (lbs/acre)	Salt (lbs/acre)	Amount
WWS	Process wastewater	48.66	7.12	49.68	327.20	159,150.00 *gal*
Canal	Surface water	4.70	0.00	0.00	79.08	3,790,666.00 *gal*
Application event totals		53.36	7.12	49.68	406.28	

01/11/2023	Surface (irrigation)	No precipitation	No precipitation	No precipitation

Source description	Material type	N (lbs/acre)	P (lbs/acre)	K (lbs/acre)	Salt (lbs/acre)	Amount
WWS	Process wastewater	44.13	4.69	56.29	542.75	189,770.00 *gal*
Application event totals		44.13	4.69	56.29	542.75	

03/28/2023	Surface (irrigation)	No precipitation	No precipitation	No precipitation

Source description	Material type	N (lbs/acre)	P (lbs/acre)	K (lbs/acre)	Salt (lbs/acre)	Amount
WWS	Process wastewater	70.49	7.50	89.92	867.04	303,155.00 *gal*
Canal	Surface water	3.41	0.00	0.00	57.44	2,753,190.00 *gal*
Application event totals		73.91	7.50	89.92	924.48	

AJ D East - 06/22/2023: Corn, silage

AJ D East - 06/22/2023: Corn, silage

Field name: AJ D East

Crop: Corn, silage

Plant date: 06/22/2023

Application date	Application method	Precipitation 24 hours prior	Precipitation during application	Precipitation 24 hours following
06/11/2023	Surface (irrigation)	No precipitation	No precipitation	No precipitation

Source description	Material type	N (lbs/acre)	P (lbs/acre)	K (lbs/acre)	Salt (lbs/acre)	Amount
WWS	Process wastewater	74.87	6.93	78.05	1,063.87	262,120.00 *gal*
Canal	Surface water	4.85	0.00	0.00	81.54	3,908,410.00 *gal*
Application event totals		79.72	6.93	78.05	1,145.41	

06/22/2023	Broadcast/incorporate	No precipitation	No precipitation	No precipitation

Source description	Material type	N (lbs/acre)	P (lbs/acre)	K (lbs/acre)	Salt (lbs/acre)	Amount
6-19-1	Solid commercial fertilizer	12.00	38.00	2.00	0.00	
Application event totals		12.00	38.00	2.00	0.00	

07/30/2023	Surface (irrigation)	No precipitation	No precipitation	No precipitation

Source description	Material type	N (lbs/acre)	P (lbs/acre)	K (lbs/acre)	Salt (lbs/acre)	Amount
UN32	Solid commercial fertilizer	80.00	0.00	0.00	0.00	
WWS	Process wastewater	36.14	5.88	60.78	485.01	203,605.00 *gal*
Canal	Surface water	4.24	0.00	0.00	71.24	3,414,818.00 *gal*
Application event totals		120.38	5.88	60.78	556.25	

08/12/2023	Surface (irrigation)	No precipitation	No precipitation	No precipitation

Source description	Material type	N (lbs/acre)	P (lbs/acre)	K (lbs/acre)	Salt (lbs/acre)	Amount
Canal	Surface water	3.82	0.00	0.00	64.17	3,075,930.00 *gal*
Application event totals		3.82	0.00	0.00	64.17	

08/28/2023	Surface (irrigation)	No precipitation	No precipitation	No precipitation

Source description	Material type	N (lbs/acre)	P (lbs/acre)	K (lbs/acre)	Salt (lbs/acre)	Amount
WWS	Process wastewater	33.97	5.52	57.13	455.84	191,360.00 *gal*
Canal	Surface water	5.61	0.00	0.00	94.40	4,524,818.00 *gal*
Application event totals		39.58	5.52	57.13	550.24	

AJ D East - 06/22/2023: Corn, silage

Application date	Application method	Precipitation 24 hours prior	Precipitation during application	Precipitation 24 hours following
09/11/2023	Surface (irrigation)	No precipitation	No precipitation	No precipitation

Source description	Material type	N (lbs/acre)	P (lbs/acre)	K (lbs/acre)	Salt (lbs/acre)	Amount
Canal	Surface water	4.71	0.00	0.00	79.21	3,796,640.00 *gal*
Application event totals		4.71	0.00	0.00	79.21	

09/22/2023	Surface (irrigation)	No precipitation	No precipitation	No precipitation

Source description	Material type	N (lbs/acre)	P (lbs/acre)	K (lbs/acre)	Salt (lbs/acre)	Amount
Canal	Surface water	4.82	0.00	0.00	81.01	3,883,210.00 *gal*
Application event totals		4.82	0.00	0.00	81.01	

AJ D North - 01/01/2023: Alfalfa, hay

Field name: AJ D North

Crop: Alfalfa, hay

Plant date: 01/01/2023

Application date	Application method	Precipitation 24 hours prior	Precipitation during application	Precipitation 24 hours following
04/01/2023	Surface (irrigation)	No precipitation	No precipitation	No precipitation

Source description	Material type	N (lbs/acre)	P (lbs/acre)	K (lbs/acre)	Salt (lbs/acre)	Amount
20-20-20	Solid commercial fertilizer	100.00	100.00	100.00	0.00	
River	Surface water	6.43	0.00	0.00	25.05	11,408,664.00 *gal*
Application event totals		106.43	100.00	100.00	25.05	

05/01/2023	Surface (irrigation)	No precipitation	No precipitation	No precipitation

Source description	Material type	N (lbs/acre)	P (lbs/acre)	K (lbs/acre)	Salt (lbs/acre)	Amount
River	Surface water	6.09	0.00	0.00	23.74	10,808,055.00 *gal*
Application event totals		6.09	0.00	0.00	23.74	

06/01/2023	Surface (irrigation)	No precipitation	No precipitation	No precipitation

Source description	Material type	N (lbs/acre)	P (lbs/acre)	K (lbs/acre)	Salt (lbs/acre)	Amount
River	Surface water	5.53	0.00	0.00	21.55	9,813,063.00 *gal*
Application event totals		5.53	0.00	0.00	21.55	

AJ D North - 01/01/2023: Alfalfa, hay

Application date	Application method	Precipitation 24 hours prior	Precipitation during application	Precipitation 24 hours following
07/01/2023	Surface (irrigation)	No precipitation	No precipitation	No precipitation

Source description	Material type	N (lbs/acre)	P (lbs/acre)	K (lbs/acre)	Salt (lbs/acre)	Amount
River	Surface water	5.21	0.00	0.00	20.32	9,252,012.00 *gal*
Application event totals		5.21	0.00	0.00	20.32	

Application date	Application method	Precipitation 24 hours prior	Precipitation during application	Precipitation 24 hours following
08/01/2023	Surface (irrigation)	No precipitation	No precipitation	No precipitation

Source description	Material type	N (lbs/acre)	P (lbs/acre)	K (lbs/acre)	Salt (lbs/acre)	Amount
River	Surface water	4.83	0.00	0.00	18.80	8,562,312.00 *gal*
Application event totals		4.83	0.00	0.00	18.80	

Application date	Application method	Precipitation 24 hours prior	Precipitation during application	Precipitation 24 hours following
09/01/2023	Surface (irrigation)	No precipitation	No precipitation	No precipitation

Source description	Material type	N (lbs/acre)	P (lbs/acre)	K (lbs/acre)	Salt (lbs/acre)	Amount
River	Surface water	4.69	0.00	0.00	18.27	8,318,416.00 *gal*
Application event totals		4.69	0.00	0.00	18.27	

AJ D West - 10/28/2022: Oats, silage-soft dough

Field name: AJ D West

Crop: Oats, silage-soft dough

Plant date: 10/28/2022

Application date	Application method	Precipitation 24 hours prior	Precipitation during application	Precipitation 24 hours following
10/10/2022	Broadcast/incorporate	No precipitation	No precipitation	No precipitation

Source description	Material type	N (lbs/acre)	P (lbs/acre)	K (lbs/acre)	Salt (lbs/acre)	Amount
Solid Manure	Corral solids	123.88	63.14	245.35	4,739.26	330.00 *ton*
Application event totals		123.88	63.14	245.35	4,739.26	

Application date	Application method	Precipitation 24 hours prior	Precipitation during application	Precipitation 24 hours following
10/17/2022	Surface (irrigation)	No precipitation	No precipitation	No precipitation

Source description	Material type	N (lbs/acre)	P (lbs/acre)	K (lbs/acre)	Salt (lbs/acre)	Amount
Canal	Surface water	4.50	0.00	0.00	75.73	9,074,450.00 *gal*
Application event totals		4.50	0.00	0.00	75.73	

AJ D West - 10/28/2022: Oats, silage-soft dough

Application date	Application method	Precipitation 24 hours prior	Precipitation during application	Precipitation 24 hours following
04/01/2023	Pipeline	No precipitation	No precipitation	No precipitation

Source description	Material type	N (lbs/acre)	P (lbs/acre)	K (lbs/acre)	Salt (lbs/acre)	Amount
Canal	Surface water	3.32	0.00	0.00	55.89	6,697,625.00 *gal*
Application event totals		3.32	0.00	0.00	55.89	

04/28/2023	Surface (irrigation)	No precipitation	No precipitation	No precipitation

Source description	Material type	N (lbs/acre)	P (lbs/acre)	K (lbs/acre)	Salt (lbs/acre)	Amount
Canal	Surface water	2.94	0.00	0.00	49.50	5,932,025.00 *gal*
Application event totals		2.94	0.00	0.00	49.50	

AJ D West - 06/29/2023: Corn, silage

Field name: AJ D West

Crop: Corn, silage

Plant date: 06/29/2023

Application date	Application method	Precipitation 24 hours prior	Precipitation during application	Precipitation 24 hours following
06/07/2023	Broadcast/incorporate	No precipitation	No precipitation	No precipitation

Source description	Material type	N (lbs/acre)	P (lbs/acre)	K (lbs/acre)	Salt (lbs/acre)	Amount
Solid Manure	Separator solids	121.65	10.80	17.44	0.00	220.00 *ton*
Application event totals		121.65	10.80	17.44	0.00	

06/13/2023	Surface (irrigation)	No precipitation	No precipitation	No precipitation

Source description	Material type	N (lbs/acre)	P (lbs/acre)	K (lbs/acre)	Salt (lbs/acre)	Amount
Canal	Surface water	4.75	0.00	0.00	79.82	9,565,545.00 *gal*
Application event totals		4.75	0.00	0.00	79.82	

06/29/2023	Broadcast/incorporate	No precipitation	No precipitation	No precipitation

Source description	Material type	N (lbs/acre)	P (lbs/acre)	K (lbs/acre)	Salt (lbs/acre)	Amount
6-19-1	Solid commercial fertilizer	12.00	38.00	2.00	0.00	
Application event totals		12.00	38.00	2.00	0.00	

AJ D West - 06/29/2023: Corn, silage

Application date	Application method	Precipitation 24 hours prior	Precipitation during application	Precipitation 24 hours following
07/31/2023	Surface (irrigation)	No precipitation	No precipitation	No precipitation

Source description	Material type	N (lbs/acre)	P (lbs/acre)	K (lbs/acre)	Salt (lbs/acre)	Amount
UN32	Solid commercial fertilizer	80.00	0.00	0.00	0.00	
Canal	Surface water	4.07	0.00	0.00	68.49	8,207,045.00 *gal*
Application event totals		84.07	0.00	0.00	68.49	

Application date	Application method	Precipitation 24 hours prior	Precipitation during application	Precipitation 24 hours following
08/14/2023	Surface (irrigation)	No precipitation	No precipitation	No precipitation

Source description	Material type	N (lbs/acre)	P (lbs/acre)	K (lbs/acre)	Salt (lbs/acre)	Amount
Canal	Surface water	4.59	0.00	0.00	77.21	9,252,815.00 *gal*
Application event totals		4.59	0.00	0.00	77.21	

Application date	Application method	Precipitation 24 hours prior	Precipitation during application	Precipitation 24 hours following
08/30/2023	Surface (irrigation)	No precipitation	No precipitation	No precipitation

Source description	Material type	N (lbs/acre)	P (lbs/acre)	K (lbs/acre)	Salt (lbs/acre)	Amount
Canal	Surface water	3.95	0.00	0.00	66.44	7,962,075.00 *gal*
Application event totals		3.95	0.00	0.00	66.44	

Application date	Application method	Precipitation 24 hours prior	Precipitation during application	Precipitation 24 hours following
09/13/2023	Surface (irrigation)	No precipitation	No precipitation	No precipitation

Source description	Material type	N (lbs/acre)	P (lbs/acre)	K (lbs/acre)	Salt (lbs/acre)	Amount
Canal	Surface water	3.60	0.00	0.00	60.58	7,259,120.00 *gal*
Application event totals		3.60	0.00	0.00	60.58	

Application date	Application method	Precipitation 24 hours prior	Precipitation during application	Precipitation 24 hours following
09/24/2023	Surface (irrigation)	No precipitation	No precipitation	No precipitation

Source description	Material type	N (lbs/acre)	P (lbs/acre)	K (lbs/acre)	Salt (lbs/acre)	Amount
Canal	Surface water	4.25	0.00	0.00	71.43	8,559,210.00 *gal*
Application event totals		4.25	0.00	0.00	71.43	

AJ R Racks - 10/26/2022: Oats, silage-soft dough

Field name: AJ R Racks

Crop: Oats, silage-soft dough

Plant date: 10/26/2022

Application date	Application method	Precipitation 24 hours prior	Precipitation during application	Precipitation 24 hours following

AJ R Racks - 10/26/2022: Oats, silage-soft dough

Application date	Application method	Precipitation 24 hours prior	Precipitation during application	Precipitation 24 hours following
10/09/2022	Broadcast/incorporate	No precipitation	No precipitation	No precipitation

Source description	Material type	N (lbs/acre)	P (lbs/acre)	K (lbs/acre)	Salt (lbs/acre)	Amount
Solid Manure	Corral solids	178.43	22.93	96.69	0.00	480.00 *ton*
Application event totals		178.43	22.93	96.69	0.00	

10/16/2022	Surface (irrigation)	No precipitation	No precipitation	No precipitation

Source description	Material type	N (lbs/acre)	P (lbs/acre)	K (lbs/acre)	Salt (lbs/acre)	Amount
River	Surface water	5.07	0.00	0.00	19.77	9,475,500.00 *gal*
Application event totals		5.07	0.00	0.00	19.77	

02/11/2023	Surface (irrigation)	No precipitation	No precipitation	No precipitation

Source description	Material type	N (lbs/acre)	P (lbs/acre)	K (lbs/acre)	Salt (lbs/acre)	Amount
River	Surface water	4.59	0.00	0.00	17.88	8,568,900.00 *gal*
Application event totals		4.59	0.00	0.00	17.88	

04/03/2023	Surface (irrigation)	No precipitation	No precipitation	No precipitation

Source description	Material type	N (lbs/acre)	P (lbs/acre)	K (lbs/acre)	Salt (lbs/acre)	Amount
River	Surface water	3.35	0.00	0.00	13.06	6,260,360.00 *gal*
Application event totals		3.35	0.00	0.00	13.06	

AJ R Racks - 06/30/2023: Corn, silage

Field name: AJ R Racks

Crop: Corn, silage

Plant date: 06/30/2023

Application date	Application method	Precipitation 24 hours prior	Precipitation during application	Precipitation 24 hours following
06/07/2023	Broadcast/incorporate	No precipitation	No precipitation	No precipitation

Source description	Material type	N (lbs/acre)	P (lbs/acre)	K (lbs/acre)	Salt (lbs/acre)	Amount
Solid Manure	Separator solids	121.65	10.80	17.44	0.00	240.00 *ton*
Application event totals		121.65	10.80	17.44	0.00	

AJ R Racks - 06/30/2023: Corn, silage

Application date	Application method	Precipitation 24 hours prior	Precipitation during application	Precipitation 24 hours following
06/15/2023	Surface (irrigation)	No precipitation	No precipitation	No precipitation

Source description	Material type	N (lbs/acre)	P (lbs/acre)	K (lbs/acre)	Salt (lbs/acre)	Amount
River	Surface water	5.59	0.00	0.00	21.77	10,434,900.00 *gal*
Application event totals		5.59	0.00	0.00	21.77	

Application date	Application method	Precipitation 24 hours prior	Precipitation during application	Precipitation 24 hours following
06/30/2023	Broadcast/incorporate	No precipitation	No precipitation	No precipitation

Source description	Material type	N (lbs/acre)	P (lbs/acre)	K (lbs/acre)	Salt (lbs/acre)	Amount
6-19-1	Solid commercial fertilizer	12.00	38.00	2.00	0.00	
Application event totals		12.00	38.00	2.00	0.00	

Application date	Application method	Precipitation 24 hours prior	Precipitation during application	Precipitation 24 hours following
08/02/2023	Surface (irrigation)	No precipitation	No precipitation	No precipitation

Source description	Material type	N (lbs/acre)	P (lbs/acre)	K (lbs/acre)	Salt (lbs/acre)	Amount
UN32	Solid commercial fertilizer	80.00	0.00	0.00	0.00	
River	Surface water	5.30	0.00	0.00	20.64	9,893,500.00 *gal*
Application event totals		85.30	0.00	0.00	20.64	

Application date	Application method	Precipitation 24 hours prior	Precipitation during application	Precipitation 24 hours following
08/16/2023	Surface (irrigation)	No precipitation	No precipitation	No precipitation

Source description	Material type	N (lbs/acre)	P (lbs/acre)	K (lbs/acre)	Salt (lbs/acre)	Amount
River	Surface water	5.23	0.00	0.00	20.37	9,762,660.00 *gal*
Application event totals		5.23	0.00	0.00	20.37	

Application date	Application method	Precipitation 24 hours prior	Precipitation during application	Precipitation 24 hours following
09/01/2023	Surface (irrigation)	No precipitation	No precipitation	No precipitation

Source description	Material type	N (lbs/acre)	P (lbs/acre)	K (lbs/acre)	Salt (lbs/acre)	Amount
River	Surface water	4.46	0.00	0.00	17.39	8,336,460.00 *gal*
Application event totals		4.46	0.00	0.00	17.39	

Application date	Application method	Precipitation 24 hours prior	Precipitation during application	Precipitation 24 hours following
09/15/2023	Surface (irrigation)	No precipitation	No precipitation	No precipitation

Source description	Material type	N (lbs/acre)	P (lbs/acre)	K (lbs/acre)	Salt (lbs/acre)	Amount
River	Surface water	5.01	0.00	0.00	19.53	9,361,200.00 *gal*
Application event totals		5.01	0.00	0.00	19.53	

AJ R Racks - 06/30/2023: Corn, silage

Application date	Application method	Precipitation 24 hours prior	Precipitation during application	Precipitation 24 hours following
09/28/2023	Surface (irrigation)	No precipitation	No precipitation	No precipitation

Source description	Material type	N (lbs/acre)	P (lbs/acre)	K (lbs/acre)	Salt (lbs/acre)	Amount
River	Surface water	5.20	0.00	0.00	20.26	9,710,900.00 *gal*
Application event totals		5.20	0.00	0.00	20.26	

AJ South - 11/11/2022: Oats, silage-soft dough

Field name: AJ South

Crop: Oats, silage-soft dough

Plant date: 11/11/2022

Application date	Application method	Precipitation 24 hours prior	Precipitation during application	Precipitation 24 hours following
10/09/2022	Broadcast/incorporate	No precipitation	No precipitation	No precipitation

Source description	Material type	N (lbs/acre)	P (lbs/acre)	K (lbs/acre)	Salt (lbs/acre)	Amount
Solid Manure	Corral solids	178.43	22.93	96.69	0.00	1,200.00 *ton*
Application event totals		178.43	22.93	96.69	0.00	

10/22/2022	Surface (irrigation)	No precipitation	No precipitation	No precipitation

Source description	Material type	N (lbs/acre)	P (lbs/acre)	K (lbs/acre)	Salt (lbs/acre)	Amount
River	Surface water	5.61	0.00	0.00	21.86	26,191,800.00 *gal*
Application event totals		5.61	0.00	0.00	21.86	

03/18/2023	Pipeline	No precipitation	No precipitation	No precipitation

Source description	Material type	N (lbs/acre)	P (lbs/acre)	K (lbs/acre)	Salt (lbs/acre)	Amount
River	Surface water	4.02	0.00	0.00	15.65	18,748,350.00 *gal*
Application event totals		4.02	0.00	0.00	15.65	

04/11/2023	Surface (irrigation)	No precipitation	No precipitation	No precipitation

Source description	Material type	N (lbs/acre)	P (lbs/acre)	K (lbs/acre)	Salt (lbs/acre)	Amount
River	Surface water	3.49	0.00	0.00	13.59	16,282,350.00 *gal*
Application event totals		3.49	0.00	0.00	13.59	

AJ South - 06/05/2023: Corn, silage

Field name: AJ South

Crop: Corn, silage

Plant date: 06/05/2023

Application date	Application method	Precipitation 24 hours prior	Precipitation during application	Precipitation 24 hours following
05/22/2023	Surface (irrigation)	No precipitation	No precipitation	No precipitation

Source description	Material type	N (lbs/acre)	P (lbs/acre)	K (lbs/acre)	Salt (lbs/acre)	Amount
WWS	Process wastewater	78.40	7.26	81.73	1,114.07	1,871,520.00 *gal*
River	Surface water	6.50	0.00	0.00	25.33	30,348,300.00 *gal*
Application event totals		84.90	7.26	81.73	1,139.40	

Application date	Application method	Precipitation 24 hours prior	Precipitation during application	Precipitation 24 hours following
06/05/2023	Broadcast/incorporate	No precipitation	No precipitation	No precipitation

Source description	Material type	N (lbs/acre)	P (lbs/acre)	K (lbs/acre)	Salt (lbs/acre)	Amount
6-19-1	Solid commercial fertilizer	12.00	38.00	2.00	0.00	
Application event totals		12.00	38.00	2.00	0.00	

Application date	Application method	Precipitation 24 hours prior	Precipitation during application	Precipitation 24 hours following
07/06/2023	Surface (irrigation)	No precipitation	No precipitation	No precipitation

Source description	Material type	N (lbs/acre)	P (lbs/acre)	K (lbs/acre)	Salt (lbs/acre)	Amount
UN32	Solid commercial fertilizer	80.00	0.00	0.00	0.00	
River	Surface water	6.21	0.00	0.00	24.19	28,982,400.00 *gal*
Application event totals		86.21	0.00	0.00	24.19	

Application date	Application method	Precipitation 24 hours prior	Precipitation during application	Precipitation 24 hours following
07/20/2023	Surface (irrigation)	No precipitation	No precipitation	No precipitation

Source description	Material type	N (lbs/acre)	P (lbs/acre)	K (lbs/acre)	Salt (lbs/acre)	Amount
WWS	Process wastewater	32.35	5.26	54.40	434.10	1,242,510.00 *gal*
River	Surface water	4.30	0.00	0.00	16.77	20,096,550.00 *gal*
Application event totals		36.65	5.26	54.40	450.88	

Application date	Application method	Precipitation 24 hours prior	Precipitation during application	Precipitation 24 hours following
08/01/2023	Surface (irrigation)	No precipitation	No precipitation	No precipitation

Source description	Material type	N (lbs/acre)	P (lbs/acre)	K (lbs/acre)	Salt (lbs/acre)	Amount
River	Surface water	4.99	0.00	0.00	19.43	23,280,750.00 *gal*
Application event totals		4.99	0.00	0.00	19.43	

AJ South - 06/05/2023: Corn, silage

Application date	Application method	Precipitation 24 hours prior	Precipitation during application	Precipitation 24 hours following
08/16/2023	Surface (irrigation)	No precipitation	No precipitation	No precipitation

Source description	Material type	N (lbs/acre)	P (lbs/acre)	K (lbs/acre)	Salt (lbs/acre)	Amount
WWS	Process wastewater	36.68	5.96	61.68	492.20	1,408,800.00 *gal*
River	Surface water	4.31	0.00	0.00	16.77	20,099,700.00 *gal*
Application event totals		40.99	5.96	61.68	508.98	

Application date	Application method	Precipitation 24 hours prior	Precipitation during application	Precipitation 24 hours following
08/31/2023	Surface (irrigation)	No precipitation	No precipitation	No precipitation

Source description	Material type	N (lbs/acre)	P (lbs/acre)	K (lbs/acre)	Salt (lbs/acre)	Amount
River	Surface water	4.76	0.00	0.00	18.55	22,232,250.00 *gal*
Application event totals		4.76	0.00	0.00	18.55	

Big Bottom - 01/01/2023: Alfalfa, hay

Field name: Big Bottom

Crop: Alfalfa, hay

Plant date: 01/01/2023

Application date	Application method	Precipitation 24 hours prior	Precipitation during application	Precipitation 24 hours following
04/01/2023	Surface (irrigation)	No precipitation	No precipitation	No precipitation

Source description	Material type	N (lbs/acre)	P (lbs/acre)	K (lbs/acre)	Salt (lbs/acre)	Amount
20-20-20	Solid commercial fertilizer	100.00	100.00	100.00	0.00	
Canal	Surface water	5.81	0.00	0.00	97.71	25,546,440.00 *gal*
Application event totals		105.81	100.00	100.00	97.71	

Application date	Application method	Precipitation 24 hours prior	Precipitation during application	Precipitation 24 hours following
05/01/2023	Surface (irrigation)	No precipitation	No precipitation	No precipitation

Source description	Material type	N (lbs/acre)	P (lbs/acre)	K (lbs/acre)	Salt (lbs/acre)	Amount
Canal	Surface water	5.24	0.00	0.00	88.19	23,056,800.00 *gal*
Application event totals		5.24	0.00	0.00	88.19	

Big Bottom - 01/01/2023: Alfalfa, hay

Application date	Application method	Precipitation 24 hours prior	Precipitation during application	Precipitation 24 hours following
06/01/2023	Surface (irrigation)	No precipitation	No precipitation	No precipitation

Source description	Material type	N (lbs/acre)	P (lbs/acre)	K (lbs/acre)	Salt (lbs/acre)	Amount
Canal	Surface water	4.92	0.00	0.00	82.70	21,621,240.00 *gal*
Application event totals		4.92	0.00	0.00	82.70	

Application date	Application method	Precipitation 24 hours prior	Precipitation during application	Precipitation 24 hours following
07/01/2023	Surface (irrigation)	No precipitation	No precipitation	No precipitation

Source description	Material type	N (lbs/acre)	P (lbs/acre)	K (lbs/acre)	Salt (lbs/acre)	Amount
Canal	Surface water	4.61	0.00	0.00	77.53	20,269,080.00 *gal*
Application event totals		4.61	0.00	0.00	77.53	

Application date	Application method	Precipitation 24 hours prior	Precipitation during application	Precipitation 24 hours following
08/01/2023	Surface (irrigation)	No precipitation	No precipitation	No precipitation

Source description	Material type	N (lbs/acre)	P (lbs/acre)	K (lbs/acre)	Salt (lbs/acre)	Amount
Canal	Surface water	4.31	0.00	0.00	72.43	18,937,440.00 *gal*
Application event totals		4.31	0.00	0.00	72.43	

Application date	Application method	Precipitation 24 hours prior	Precipitation during application	Precipitation 24 hours following
09/01/2023	Surface (irrigation)	No precipitation	No precipitation	No precipitation

Source description	Material type	N (lbs/acre)	P (lbs/acre)	K (lbs/acre)	Salt (lbs/acre)	Amount
Canal	Surface water	3.70	0.00	0.00	62.20	16,261,170.00 *gal*
Application event totals		3.70	0.00	0.00	62.20	

Borges - 01/01/2023: Almond, in shell

Field name: Borges

Crop: Almond, in shell

Plant date: 01/01/2023

Application date	Application method	Precipitation 24 hours prior	Precipitation during application	Precipitation 24 hours following
02/01/2023	Broadcast/incorporate	No precipitation	No precipitation	No precipitation

Source description	Material type	N (lbs/acre)	P (lbs/acre)	K (lbs/acre)	Salt (lbs/acre)	Amount
CAN 17	Solid commercial fertilizer	46.75	0.00	0.00	0.00	
Application event totals		46.75	0.00	0.00	0.00	

Borges - 01/01/2023: Almond, in shell

Application date	Application method	Precipitation 24 hours prior	Precipitation during application	Precipitation 24 hours following
04/01/2023	Surface (irrigation)	No precipitation	No precipitation	No precipitation

Source description	Material type	N (lbs/acre)	P (lbs/acre)	K (lbs/acre)	Salt (lbs/acre)	Amount
River	Surface water	5.51	0.00	0.00	123.08	6,807,450.00 *gal*
Application event totals		5.51	0.00	0.00	123.08	

Application date	Application method	Precipitation 24 hours prior	Precipitation during application	Precipitation 24 hours following
05/01/2023	Surface (irrigation)	No precipitation	No precipitation	No precipitation

Source description	Material type	N (lbs/acre)	P (lbs/acre)	K (lbs/acre)	Salt (lbs/acre)	Amount
UN32	Solid commercial fertilizer	80.00	0.00	0.00	0.00	
River	Surface water	4.86	0.00	0.00	108.54	6,003,060.00 *gal*
Application event totals		84.86	0.00	0.00	108.54	

Application date	Application method	Precipitation 24 hours prior	Precipitation during application	Precipitation 24 hours following
06/01/2023	Surface (irrigation)	No precipitation	No precipitation	No precipitation

Source description	Material type	N (lbs/acre)	P (lbs/acre)	K (lbs/acre)	Salt (lbs/acre)	Amount
River	Surface water	4.55	0.00	0.00	101.71	5,625,570.00 *gal*
Application event totals		4.55	0.00	0.00	101.71	

Application date	Application method	Precipitation 24 hours prior	Precipitation during application	Precipitation 24 hours following
07/01/2023	Surface (irrigation)	No precipitation	No precipitation	No precipitation

Source description	Material type	N (lbs/acre)	P (lbs/acre)	K (lbs/acre)	Salt (lbs/acre)	Amount
River	Surface water	4.30	0.00	0.00	95.96	5,307,450.00 *gal*
Application event totals		4.30	0.00	0.00	95.96	

Application date	Application method	Precipitation 24 hours prior	Precipitation during application	Precipitation 24 hours following
08/01/2023	Surface (irrigation)	No precipitation	No precipitation	No precipitation

Source description	Material type	N (lbs/acre)	P (lbs/acre)	K (lbs/acre)	Salt (lbs/acre)	Amount
River	Surface water	5.12	0.00	0.00	114.27	6,319,714.00 *gal*
Application event totals		5.12	0.00	0.00	114.27	

Application date	Application method	Precipitation 24 hours prior	Precipitation during application	Precipitation 24 hours following
09/01/2023	Surface (irrigation)	No precipitation	No precipitation	No precipitation

Source description	Material type	N (lbs/acre)	P (lbs/acre)	K (lbs/acre)	Salt (lbs/acre)	Amount
River	Surface water	4.12	0.00	0.00	92.02	5,089,462.00 *gal*
Application event totals		4.12	0.00	0.00	92.02	

Fremont - 10/27/2022: Oats, silage-soft dough

Field name: Fremont

Crop: Oats, silage-soft dough

Plant date: 10/27/2022

Application date	Application method	Precipitation 24 hours prior	Precipitation during application	Precipitation 24 hours following
10/10/2022	Broadcast/incorporate	No precipitation	No precipitation	No precipitation

Source description	Material type	N (lbs/acre)	P (lbs/acre)	K (lbs/acre)	Salt (lbs/acre)	Amount
Solid Manure	Corral solids	123.88	63.14	245.35	4,739.26	840.00 *ton*
Application event totals		123.88	63.14	245.35	4,739.26	

10/16/2022	Surface (irrigation)	No precipitation	No precipitation	No precipitation

Source description	Material type	N (lbs/acre)	P (lbs/acre)	K (lbs/acre)	Salt (lbs/acre)	Amount
Canal	Surface water	4.85	0.00	0.00	81.63	24,898,160.00 *gal*
Application event totals		4.85	0.00	0.00	81.63	

03/29/2023	Surface (irrigation)	No precipitation	No precipitation	No precipitation

Source description	Material type	N (lbs/acre)	P (lbs/acre)	K (lbs/acre)	Salt (lbs/acre)	Amount
Canal	Surface water	3.40	0.00	0.00	57.15	17,432,100.00 *gal*
Application event totals		3.40	0.00	0.00	57.15	

Fremont - 05/31/2023: Corn, silage

Field name: Fremont

Crop: Corn, silage

Plant date: 05/31/2023

Application date	Application method	Precipitation 24 hours prior	Precipitation during application	Precipitation 24 hours following
05/10/2023	Broadcast/incorporate	No precipitation	No precipitation	No precipitation

Source description	Material type	N (lbs/acre)	P (lbs/acre)	K (lbs/acre)	Salt (lbs/acre)	Amount
Solid Manure	Separator solids	121.65	10.80	17.44	0.00	560.00 *ton*
Application event totals		121.65	10.80	17.44	0.00	

Fremont - 05/31/2023: Corn, silage

Application date	Application method	Precipitation 24 hours prior	Precipitation during application	Precipitation 24 hours following
05/18/2023	Surface (irrigation)	No precipitation	No precipitation	No precipitation

Source description	Material type	N (lbs/acre)	P (lbs/acre)	K (lbs/acre)	Salt (lbs/acre)	Amount
Canal	Surface water	5.14	0.00	0.00	86.39	26,350,940.00 *gal*
Application event totals		5.14	0.00	0.00	86.39	

Application date	Application method	Precipitation 24 hours prior	Precipitation during application	Precipitation 24 hours following
05/31/2023	Broadcast/incorporate	No precipitation	No precipitation	No precipitation

Source description	Material type	N (lbs/acre)	P (lbs/acre)	K (lbs/acre)	Salt (lbs/acre)	Amount
6-19-1	Solid commercial fertilizer	12.00	38.00	2.00	0.00	
Application event totals		12.00	38.00	2.00	0.00	

Application date	Application method	Precipitation 24 hours prior	Precipitation during application	Precipitation 24 hours following
07/01/2023	Surface (irrigation)	No precipitation	No precipitation	No precipitation

Source description	Material type	N (lbs/acre)	P (lbs/acre)	K (lbs/acre)	Salt (lbs/acre)	Amount
UN32	Solid commercial fertilizer	80.00	0.00	0.00	0.00	
Canal	Surface water	4.44	0.00	0.00	74.72	22,790,320.00 *gal*
Application event totals		84.44	0.00	0.00	74.72	

Application date	Application method	Precipitation 24 hours prior	Precipitation during application	Precipitation 24 hours following
07/17/2023	Surface (irrigation)	No precipitation	No precipitation	No precipitation

Source description	Material type	N (lbs/acre)	P (lbs/acre)	K (lbs/acre)	Salt (lbs/acre)	Amount
Canal	Surface water	3.94	0.00	0.00	66.33	20,231,960.00 *gal*
Application event totals		3.94	0.00	0.00	66.33	

Application date	Application method	Precipitation 24 hours prior	Precipitation during application	Precipitation 24 hours following
07/29/2023	Surface (irrigation)	No precipitation	No precipitation	No precipitation

Source description	Material type	N (lbs/acre)	P (lbs/acre)	K (lbs/acre)	Salt (lbs/acre)	Amount
Canal	Surface water	3.63	0.00	0.00	61.04	18,618,320.00 *gal*
Application event totals		3.63	0.00	0.00	61.04	

Application date	Application method	Precipitation 24 hours prior	Precipitation during application	Precipitation 24 hours following
08/14/2023	Surface (irrigation)	No precipitation	No precipitation	No precipitation

Source description	Material type	N (lbs/acre)	P (lbs/acre)	K (lbs/acre)	Salt (lbs/acre)	Amount
Canal	Surface water	4.11	0.00	0.00	69.18	21,100,520.00 *gal*
Application event totals		4.11	0.00	0.00	69.18	

Fremont - 05/31/2023: Corn, silage

Application date	Application method	Precipitation 24 hours prior	Precipitation during application	Precipitation 24 hours following
08/29/2023	Surface (irrigation)	No precipitation	No precipitation	No precipitation

Source description	Material type	N (lbs/acre)	P (lbs/acre)	K (lbs/acre)	Salt (lbs/acre)	Amount
Canal	Surface water	3.88	0.00	0.00	65.29	19,915,700.00 *gal*
Application event totals		3.88	0.00	0.00	65.29	

Gette 3 - 10/19/2022: Oats, silage-soft dough

Field name: Gette 3

Crop: Oats, silage-soft dough

Plant date: 10/19/2022

Application date	Application method	Precipitation 24 hours prior	Precipitation during application	Precipitation 24 hours following
10/02/2022	Pipeline	No precipitation	No precipitation	No precipitation

Source description	Material type	N (lbs/acre)	P (lbs/acre)	K (lbs/acre)	Salt (lbs/acre)	Amount
River	Surface water	5.73	0.00	0.00	22.34	6,424,380.00 *gal*
Application event totals		5.73	0.00	0.00	22.34	

01/28/2023	Surface (irrigation)	No precipitation	No precipitation	No precipitation

Source description	Material type	N (lbs/acre)	P (lbs/acre)	K (lbs/acre)	Salt (lbs/acre)	Amount
WWS	Process wastewater	51.56	9.32	151.70	666.52	678,150.00 *gal*
Application event totals		51.56	9.32	151.70	666.52	

02/14/2023	Pipeline	No precipitation	No precipitation	No precipitation

Source description	Material type	N (lbs/acre)	P (lbs/acre)	K (lbs/acre)	Salt (lbs/acre)	Amount
WWS	Process wastewater	32.94	5.95	96.90	425.76	433,190.00 *gal*
River	Surface water	4.08	0.00	0.00	15.90	4,571,640.00 *gal*
Application event totals		37.02	5.95	96.90	441.66	

Gette 3 - 10/19/2022: Oats, silage-soft dough

Application date	Application method	Precipitation 24 hours prior	Precipitation during application	Precipitation 24 hours following
03/29/2023	Surface (irrigation)	No precipitation	No precipitation	No precipitation

Source description	Material type	N (lbs/acre)	P (lbs/acre)	K (lbs/acre)	Salt (lbs/acre)	Amount
WWS	Process wastewater	71.03	2.62	98.46	778.00	521,159.00 *gal*
River	Surface water	3.50	0.00	0.00	13.65	3,925,980.00 *gal*
Application event totals		74.54	2.62	98.46	791.65	

Gette 3 - 07/01/2023: Corn, silage

Field name: Gette 3

Crop: Corn, silage

Plant date: 07/01/2023

Application date	Application method	Precipitation 24 hours prior	Precipitation during application	Precipitation 24 hours following
06/10/2023	Broadcast/incorporate	No precipitation	No precipitation	No precipitation

Source description	Material type	N (lbs/acre)	P (lbs/acre)	K (lbs/acre)	Salt (lbs/acre)	Amount
Slurry	Process wastewater sludge	116.00	14.44	31.46	83.45	360,000.00 *gal*
Application event totals		116.00	14.44	31.46	83.45	

06/23/2023	Surface (irrigation)	No precipitation	No precipitation	No precipitation

Source description	Material type	N (lbs/acre)	P (lbs/acre)	K (lbs/acre)	Salt (lbs/acre)	Amount
River	Surface water	6.14	0.00	0.00	23.93	6,883,632.00 *gal*
Application event totals		6.14	0.00	0.00	23.93	

07/01/2023	Broadcast/incorporate	No precipitation	No precipitation	No precipitation

Source description	Material type	N (lbs/acre)	P (lbs/acre)	K (lbs/acre)	Salt (lbs/acre)	Amount
6-19-1	Solid commercial fertilizer	12.00	38.00	2.00	0.00	
Application event totals		12.00	38.00	2.00	0.00	

Gette 3 - 07/01/2023: Corn, silage

Application date	Application method	Precipitation 24 hours prior	Precipitation during application	Precipitation 24 hours following
08/02/2023	Surface (irrigation)	No precipitation	No precipitation	No precipitation

Source description	Material type	N (lbs/acre)	P (lbs/acre)	K (lbs/acre)	Salt (lbs/acre)	Amount
UN32	Solid commercial fertilizer	80.00	0.00	0.00	0.00	
River	Surface water	5.54	0.00	0.00	21.57	6,203,376.00 *gal*
Application event totals		85.54	0.00	0.00	21.57	

Application date	Application method	Precipitation 24 hours prior	Precipitation during application	Precipitation 24 hours following
08/20/2023	Surface (irrigation)	No precipitation	No precipitation	No precipitation

Source description	Material type	N (lbs/acre)	P (lbs/acre)	K (lbs/acre)	Salt (lbs/acre)	Amount
River	Surface water	4.99	0.00	0.00	19.43	5,587,884.00 *gal*
Application event totals		4.99	0.00	0.00	19.43	

Application date	Application method	Precipitation 24 hours prior	Precipitation during application	Precipitation 24 hours following
09/01/2023	Surface (irrigation)	No precipitation	No precipitation	No precipitation

Source description	Material type	N (lbs/acre)	P (lbs/acre)	K (lbs/acre)	Salt (lbs/acre)	Amount
River	Surface water	4.70	0.00	0.00	18.30	5,264,244.00 *gal*
Application event totals		4.70	0.00	0.00	18.30	

Application date	Application method	Precipitation 24 hours prior	Precipitation during application	Precipitation 24 hours following
09/14/2023	Surface (irrigation)	No precipitation	No precipitation	No precipitation

Source description	Material type	N (lbs/acre)	P (lbs/acre)	K (lbs/acre)	Salt (lbs/acre)	Amount
River	Surface water	4.85	0.00	0.00	18.88	5,429,088.00 *gal*
Application event totals		4.85	0.00	0.00	18.88	

Application date	Application method	Precipitation 24 hours prior	Precipitation during application	Precipitation 24 hours following
09/28/2023	Surface (irrigation)	No precipitation	No precipitation	No precipitation

Source description	Material type	N (lbs/acre)	P (lbs/acre)	K (lbs/acre)	Salt (lbs/acre)	Amount
River	Surface water	4.29	0.00	0.00	16.73	4,810,536.00 *gal*
Application event totals		4.29	0.00	0.00	16.73	

Gette 4 - 10/20/2022: Oats, silage-soft dough

Field name: Gette 4

Crop: Oats, silage-soft dough

Plant date: 10/20/2022

Application date	Application method	Precipitation 24 hours prior	Precipitation during application	Precipitation 24 hours following

Gette 4 - 10/20/2022: Oats, silage-soft dough

Application date	Application method	Precipitation 24 hours prior	Precipitation during application	Precipitation 24 hours following
10/07/2022	Surface (irrigation)	No precipitation	No precipitation	No precipitation

Source description	Material type	N (lbs/acre)	P (lbs/acre)	K (lbs/acre)	Salt (lbs/acre)	Amount
WWS	Process wastewater	43.20	7.81	127.09	558.39	725,950.00 *gal*
River	Surface water	5.64	0.00	0.00	21.97	8,073,506.00 *gal*
Application event totals		48.84	7.81	127.09	580.36	

Application date	Application method	Precipitation 24 hours prior	Precipitation during application	Precipitation 24 hours following
02/01/2023	Surface (irrigation)	No precipitation	No precipitation	No precipitation

Source description	Material type	N (lbs/acre)	P (lbs/acre)	K (lbs/acre)	Salt (lbs/acre)	Amount
WWS	Process wastewater	48.15	8.70	141.65	622.40	809,156.00 *gal*
River	Surface water	4.21	0.00	0.00	16.40	6,027,012.00 *gal*
Application event totals		52.36	8.70	141.65	638.80	

Application date	Application method	Precipitation 24 hours prior	Precipitation during application	Precipitation 24 hours following
04/08/2023	Surface (irrigation)	No precipitation	No precipitation	No precipitation

Source description	Material type	N (lbs/acre)	P (lbs/acre)	K (lbs/acre)	Salt (lbs/acre)	Amount
WWS	Process wastewater	66.80	2.47	92.58	731.58	626,190.00 *gal*
River	Surface water	3.71	0.00	0.00	14.46	5,312,080.00 *gal*
Application event totals		70.51	2.47	92.58	746.03	

Gette 4 - 06/30/2023: Corn, silage

Field name: Gette 4

Crop: Corn, silage

Plant date: 06/30/2023

Application date	Application method	Precipitation 24 hours prior	Precipitation during application	Precipitation 24 hours following
06/10/2023	Broadcast/incorporate	No precipitation	No precipitation	No precipitation

Source description	Material type	N (lbs/acre)	P (lbs/acre)	K (lbs/acre)	Salt (lbs/acre)	Amount
Slurry	Process wastewater sludge	116.00	14.44	31.46	83.45	460,000.00 *gal*
Application event totals		116.00	14.44	31.46	83.45	

Gette 4 - 06/30/2023: Corn, silage

Application date	Application method	Precipitation 24 hours prior	Precipitation during application	Precipitation 24 hours following
06/21/2023	Surface (irrigation)	No precipitation	No precipitation	No precipitation

Source description	Material type	N (lbs/acre)	P (lbs/acre)	K (lbs/acre)	Salt (lbs/acre)	Amount
River	Surface water	6.01	0.00	0.00	23.40	8,599,562.00 *gal*
Application event totals		6.01	0.00	0.00	23.40	

Application date	Application method	Precipitation 24 hours prior	Precipitation during application	Precipitation 24 hours following
06/30/2023	Broadcast/incorporate	No precipitation	No precipitation	No precipitation

Source description	Material type	N (lbs/acre)	P (lbs/acre)	K (lbs/acre)	Salt (lbs/acre)	Amount
6-19-1	Solid commercial fertilizer	12.00	38.00	2.00	0.00	
Application event totals		12.00	38.00	2.00	0.00	

Application date	Application method	Precipitation 24 hours prior	Precipitation during application	Precipitation 24 hours following
07/31/2023	Surface (irrigation)	No precipitation	No precipitation	No precipitation

Source description	Material type	N (lbs/acre)	P (lbs/acre)	K (lbs/acre)	Salt (lbs/acre)	Amount
UN32	Solid commercial fertilizer	80.00	0.00	0.00	0.00	
River	Surface water	4.83	0.00	0.00	18.81	6,913,294.00 *gal*
Application event totals		84.83	0.00	0.00	18.81	

Application date	Application method	Precipitation 24 hours prior	Precipitation during application	Precipitation 24 hours following
08/18/2023	Surface (irrigation)	No precipitation	No precipitation	No precipitation

Source description	Material type	N (lbs/acre)	P (lbs/acre)	K (lbs/acre)	Salt (lbs/acre)	Amount
River	Surface water	5.30	0.00	0.00	20.65	7,589,540.00 *gal*
Application event totals		5.30	0.00	0.00	20.65	

Application date	Application method	Precipitation 24 hours prior	Precipitation during application	Precipitation 24 hours following
08/30/2023	Surface (irrigation)	No precipitation	No precipitation	No precipitation

Source description	Material type	N (lbs/acre)	P (lbs/acre)	K (lbs/acre)	Salt (lbs/acre)	Amount
River	Surface water	4.28	0.00	0.00	16.68	6,127,936.00 *gal*
Application event totals		4.28	0.00	0.00	16.68	

Application date	Application method	Precipitation 24 hours prior	Precipitation during application	Precipitation 24 hours following
09/12/2023	Surface (irrigation)	No precipitation	No precipitation	No precipitation

Source description	Material type	N (lbs/acre)	P (lbs/acre)	K (lbs/acre)	Salt (lbs/acre)	Amount
River	Surface water	4.66	0.00	0.00	18.14	6,665,354.00 *gal*
Application event totals		4.66	0.00	0.00	18.14	

Gette 4 - 06/30/2023: Corn, silage

Application date	Application method	Precipitation 24 hours prior	Precipitation during application	Precipitation 24 hours following
09/26/2023	Surface (irrigation)	No precipitation	No precipitation	No precipitation

Source description	Material type	N (lbs/acre)	P (lbs/acre)	K (lbs/acre)	Salt (lbs/acre)	Amount
River	Surface water	4.91	0.00	0.00	19.13	7,029,490.00 *gal*
Application event totals		4.91	0.00	0.00	19.13	

Hatfield Ranch - 01/01/2023: Almond, in shell

Field name: Hatfield Ranch

Crop: Almond, in shell

Plant date: 01/01/2023

Application date	Application method	Precipitation 24 hours prior	Precipitation during application	Precipitation 24 hours following
02/01/2023	Broadcast/incorporate	No precipitation	No precipitation	No precipitation

Source description	Material type	N (lbs/acre)	P (lbs/acre)	K (lbs/acre)	Salt (lbs/acre)	Amount
CAN 17	Solid commercial fertilizer	46.75	0.00	0.00	0.00	
Application event totals		46.75	0.00	0.00	0.00	

04/01/2023	Surface (irrigation)	No precipitation	No precipitation	No precipitation

Source description	Material type	N (lbs/acre)	P (lbs/acre)	K (lbs/acre)	Salt (lbs/acre)	Amount
Irrigation Well	Ground water	22.77	0.00	0.00	641.07	44,272,821.00 *gal*
Application event totals		22.77	0.00	0.00	641.07	

05/01/2023	Surface (irrigation)	No precipitation	No precipitation	No precipitation

Source description	Material type	N (lbs/acre)	P (lbs/acre)	K (lbs/acre)	Salt (lbs/acre)	Amount
UN32	Solid commercial fertilizer	80.00	0.00	0.00	0.00	
Irrigation Well	Ground water	21.27	0.00	0.00	598.70	41,346,981.00 *gal*
Application event totals		101.27	0.00	0.00	598.70	

06/01/2023	Surface (irrigation)	No precipitation	No precipitation	No precipitation

Source description	Material type	N (lbs/acre)	P (lbs/acre)	K (lbs/acre)	Salt (lbs/acre)	Amount
Irrigation Well	Ground water	19.38	0.00	0.00	545.46	37,670,190.00 *gal*
Application event totals		19.38	0.00	0.00	545.46	

Hatfield Ranch - 01/01/2023: Almond, in shell

Application date	Application method	Precipitation 24 hours prior	Precipitation during application	Precipitation 24 hours following
07/01/2023	Surface (irrigation)	No precipitation	No precipitation	No precipitation

Source description	Material type	N (lbs/acre)	P (lbs/acre)	K (lbs/acre)	Salt (lbs/acre)	Amount
Irrigation Well	Ground water	18.00	0.00	0.00	506.77	34,997,952.00 *gal*
Application event totals		18.00	0.00	0.00	506.77	

Application date	Application method	Precipitation 24 hours prior	Precipitation during application	Precipitation 24 hours following
08/01/2023	Surface (irrigation)	No precipitation	No precipitation	No precipitation

Source description	Material type	N (lbs/acre)	P (lbs/acre)	K (lbs/acre)	Salt (lbs/acre)	Amount
Irrigation Well	Ground water	20.79	0.00	0.00	585.24	40,417,310.00 *gal*
Application event totals		20.79	0.00	0.00	585.24	

Application date	Application method	Precipitation 24 hours prior	Precipitation during application	Precipitation 24 hours following
09/01/2023	Surface (irrigation)	No precipitation	No precipitation	No precipitation

Source description	Material type	N (lbs/acre)	P (lbs/acre)	K (lbs/acre)	Salt (lbs/acre)	Amount
Irrigation Well	Ground water	19.64	0.00	0.00	552.74	38,172,610.00 *gal*
Application event totals		19.64	0.00	0.00	552.74	

Hawkins Ranch - 01/01/2023: Almond, in shell

Field name: Hawkins Ranch

Crop: Almond, in shell

Plant date: 01/01/2023

Application date	Application method	Precipitation 24 hours prior	Precipitation during application	Precipitation 24 hours following
02/01/2023	Broadcast/incorporate	No precipitation	No precipitation	No precipitation

Source description	Material type	N (lbs/acre)	P (lbs/acre)	K (lbs/acre)	Salt (lbs/acre)	Amount
CAN 17	Solid commercial fertilizer	46.75	0.00	0.00	0.00	
Application event totals		46.75	0.00	0.00	0.00	

Application date	Application method	Precipitation 24 hours prior	Precipitation during application	Precipitation 24 hours following
04/01/2023	Surface (irrigation)	No precipitation	No precipitation	No precipitation

Source description	Material type	N (lbs/acre)	P (lbs/acre)	K (lbs/acre)	Salt (lbs/acre)	Amount
River	Surface water	7.23	0.00	0.00	28.19	57,198,260.00 *gal*
Application event totals		7.23	0.00	0.00	28.19	

Hawkins Ranch - 01/01/2023: Almond, in shell

Application date	Application method	Precipitation 24 hours prior	Precipitation during application	Precipitation 24 hours following
05/01/2023	Surface (irrigation)	No precipitation	No precipitation	No precipitation

Source description	Material type	N (lbs/acre)	P (lbs/acre)	K (lbs/acre)	Salt (lbs/acre)	Amount
UN32	Solid commercial fertilizer	80.00	0.00	0.00	0.00	
River	Surface water	6.36	0.00	0.00	24.80	50,314,352.00 *gal*
Application event totals		86.36	0.00	0.00	24.80	

Application date	Application method	Precipitation 24 hours prior	Precipitation during application	Precipitation 24 hours following
06/01/2023	Surface (irrigation)	No precipitation	No precipitation	No precipitation

Source description	Material type	N (lbs/acre)	P (lbs/acre)	K (lbs/acre)	Salt (lbs/acre)	Amount
River	Surface water	5.83	0.00	0.00	22.72	46,112,430.00 *gal*
Application event totals		5.83	0.00	0.00	22.72	

Application date	Application method	Precipitation 24 hours prior	Precipitation during application	Precipitation 24 hours following
07/01/2023	Surface (irrigation)	No precipitation	No precipitation	No precipitation

Source description	Material type	N (lbs/acre)	P (lbs/acre)	K (lbs/acre)	Salt (lbs/acre)	Amount
River	Surface water	5.46	0.00	0.00	21.27	43,156,886.00 *gal*
Application event totals		5.46	0.00	0.00	21.27	

Application date	Application method	Precipitation 24 hours prior	Precipitation during application	Precipitation 24 hours following
08/01/2023	Pipeline	No precipitation	No precipitation	No precipitation

Source description	Material type	N (lbs/acre)	P (lbs/acre)	K (lbs/acre)	Salt (lbs/acre)	Amount
River	Surface water	6.59	0.00	0.00	25.68	52,109,413.00 *gal*
Application event totals		6.59	0.00	0.00	25.68	

Application date	Application method	Precipitation 24 hours prior	Precipitation during application	Precipitation 24 hours following
09/01/2023	Surface (irrigation)	No precipitation	No precipitation	No precipitation

Source description	Material type	N (lbs/acre)	P (lbs/acre)	K (lbs/acre)	Salt (lbs/acre)	Amount
River	Surface water	5.32	0.00	0.00	20.74	42,089,170.00 *gal*
Application event totals		5.32	0.00	0.00	20.74	

Home Ranch - 01/01/2023: Almond, in shell

Field name: Home Ranch

Crop: Almond, in shell

Plant date: 01/01/2023

Application date	Application method	Precipitation 24 hours prior	Precipitation during application	Precipitation 24 hours following

Home Ranch - 01/01/2023: Almond, in shell

Application date	Application method	Precipitation 24 hours prior	Precipitation during application	Precipitation 24 hours following
02/01/2023	Broadcast/incorporate	No precipitation	No precipitation	No precipitation

Source description	Material type	N (lbs/acre)	P (lbs/acre)	K (lbs/acre)	Salt (lbs/acre)	Amount
CAN 17	Solid commercial fertilizer	46.75	0.00	0.00	0.00	
Application event totals		46.75	0.00	0.00	0.00	

Application date	Application method	Precipitation 24 hours prior	Precipitation during application	Precipitation 24 hours following
04/01/2023	Surface (irrigation)	No precipitation	No precipitation	No precipitation

Source description	Material type	N (lbs/acre)	P (lbs/acre)	K (lbs/acre)	Salt (lbs/acre)	Amount
Irrigation Well	Ground water	5.13	0.00	0.00	1,333.53	98,271,580.00 *gal*
Application event totals		5.13	0.00	0.00	1,333.53	

Application date	Application method	Precipitation 24 hours prior	Precipitation during application	Precipitation 24 hours following
05/01/2023	Surface (irrigation)	No precipitation	No precipitation	No precipitation

Source description	Material type	N (lbs/acre)	P (lbs/acre)	K (lbs/acre)	Salt (lbs/acre)	Amount
UN32	Solid commercial fertilizer	80.00	0.00	0.00	0.00	
Irrigation Well	Ground water	4.56	0.00	0.00	1,183.96	87,249,560.00 *gal*
Application event totals		84.56	0.00	0.00	1,183.96	

Application date	Application method	Precipitation 24 hours prior	Precipitation during application	Precipitation 24 hours following
06/01/2023	Surface (irrigation)	No precipitation	No precipitation	No precipitation

Source description	Material type	N (lbs/acre)	P (lbs/acre)	K (lbs/acre)	Salt (lbs/acre)	Amount
Irrigation Well	Ground water	4.30	0.00	0.00	1,116.95	82,311,460.00 *gal*
Application event totals		4.30	0.00	0.00	1,116.95	

Application date	Application method	Precipitation 24 hours prior	Precipitation during application	Precipitation 24 hours following
07/01/2023	Surface (irrigation)	No precipitation	No precipitation	No precipitation

Source description	Material type	N (lbs/acre)	P (lbs/acre)	K (lbs/acre)	Salt (lbs/acre)	Amount
Irrigation Well	Ground water	3.98	0.00	0.00	1,034.83	76,259,180.00 *gal*
Application event totals		3.98	0.00	0.00	1,034.83	

Application date	Application method	Precipitation 24 hours prior	Precipitation during application	Precipitation 24 hours following
08/01/2023	Surface (irrigation)	No precipitation	No precipitation	No precipitation

Source description	Material type	N (lbs/acre)	P (lbs/acre)	K (lbs/acre)	Salt (lbs/acre)	Amount
Irrigation Well	Ground water	4.60	0.00	0.00	1,195.60	88,106,713.00 *gal*
Application event totals		4.60	0.00	0.00	1,195.60	

Home Ranch - 01/01/2023: Almond, in shell

Application date	Application method	Precipitation 24 hours prior	Precipitation during application	Precipitation 24 hours following
09/01/2023	Surface (irrigation)	No precipitation	No precipitation	No precipitation

Source description	Material type	N (lbs/acre)	P (lbs/acre)	K (lbs/acre)	Salt (lbs/acre)	Amount
Irrigation Well	Ground water	3.87	0.00	0.00	1,004.19	74,001,260.00 *gal*
Application event totals		3.87	0.00	0.00	1,004.19	

Judith - 01/01/2023: Alfalfa, hay

Field name: Judith

Crop: Alfalfa, hay

Plant date: 01/01/2023

Application date	Application method	Precipitation 24 hours prior	Precipitation during application	Precipitation 24 hours following
04/01/2023	Surface (irrigation)	No precipitation	No precipitation	No precipitation

Source description	Material type	N (lbs/acre)	P (lbs/acre)	K (lbs/acre)	Salt (lbs/acre)	Amount
20-20-20	Solid commercial fertilizer	100.00	100.00	100.00	0.00	
River	Surface water	6.59	0.00	0.00	25.68	29,341,741.00 *gal*
Application event totals		106.59	100.00	100.00	25.68	

05/01/2023	Pipeline	No precipitation	No precipitation	No precipitation

Source description	Material type	N (lbs/acre)	P (lbs/acre)	K (lbs/acre)	Salt (lbs/acre)	Amount
River	Surface water	6.02	0.00	0.00	23.47	26,814,502.00 *gal*
Application event totals		6.02	0.00	0.00	23.47	

06/01/2023	Surface (irrigation)	No precipitation	No precipitation	No precipitation

Source description	Material type	N (lbs/acre)	P (lbs/acre)	K (lbs/acre)	Salt (lbs/acre)	Amount
River	Surface water	5.53	0.00	0.00	21.55	24,618,594.00 *gal*
Application event totals		5.53	0.00	0.00	21.55	

07/01/2023	Surface (irrigation)	No precipitation	No precipitation	No precipitation

Source description	Material type	N (lbs/acre)	P (lbs/acre)	K (lbs/acre)	Salt (lbs/acre)	Amount
River	Surface water	5.43	0.00	0.00	21.17	24,181,157.00 *gal*
Application event totals		5.43	0.00	0.00	21.17	

Judith - 01/01/2023: Alfalfa, hay

Application date	Application method	Precipitation 24 hours prior	Precipitation during application	Precipitation 24 hours following
08/01/2023	Surface (irrigation)	No precipitation	No precipitation	No precipitation

Source description	Material type	N (lbs/acre)	P (lbs/acre)	K (lbs/acre)	Salt (lbs/acre)	Amount
River	Surface water	4.95	0.00	0.00	19.28	22,029,150.00 *gal*
Application event totals		4.95	0.00	0.00	19.28	

Application date	Application method	Precipitation 24 hours prior	Precipitation during application	Precipitation 24 hours following
09/01/2023	Surface (irrigation)	No precipitation	No precipitation	No precipitation

Source description	Material type	N (lbs/acre)	P (lbs/acre)	K (lbs/acre)	Salt (lbs/acre)	Amount
River	Surface water	4.70	0.00	0.00	18.29	20,899,713.00 *gal*
Application event totals		4.70	0.00	0.00	18.29	

NW Pike - 11/25/2022: Oats, silage-soft dough

Field name: NW Pike

Crop: Oats, silage-soft dough Plant date: 11/25/2022

Application date	Application method	Precipitation 24 hours prior	Precipitation during application	Precipitation 24 hours following
04/05/2023	Surface (irrigation)	No precipitation	No precipitation	No precipitation

Source description	Material type	N (lbs/acre)	P (lbs/acre)	K (lbs/acre)	Salt (lbs/acre)	Amount
Canal	Surface water	5.07	0.00	0.00	85.36	17,667,113.00 *gal*
Application event totals		5.07	0.00	0.00	85.36	

NW Pike - 07/11/2023: Corn, silage

Field name: NW Pike

Crop: Corn, silage Plant date: 07/11/2023

Application date	Application method	Precipitation 24 hours prior	Precipitation during application	Precipitation 24 hours following

NW Pike - 07/11/2023: Corn, silage

Application date	Application method	Precipitation 24 hours prior	Precipitation during application	Precipitation 24 hours following
06/29/2023	Surface (irrigation)	No precipitation	No precipitation	No precipitation

Source description	Material type	N (lbs/acre)	P (lbs/acre)	K (lbs/acre)	Salt (lbs/acre)	Amount
Canal	Surface water	5.14	0.00	0.00	86.46	17,894,770.00 *gal*
Application event totals		5.14	0.00	0.00	86.46	

Application date	Application method	Precipitation 24 hours prior	Precipitation during application	Precipitation 24 hours following
07/11/2023	Broadcast/incorporate	No precipitation	No precipitation	No precipitation

Source description	Material type	N (lbs/acre)	P (lbs/acre)	K (lbs/acre)	Salt (lbs/acre)	Amount
6-19-1	Solid commercial fertilizer	12.00	38.00	2.00	0.00	
Application event totals		12.00	38.00	2.00	0.00	

Application date	Application method	Precipitation 24 hours prior	Precipitation during application	Precipitation 24 hours following
08/13/2023	Surface (irrigation)	No precipitation	No precipitation	No precipitation

Source description	Material type	N (lbs/acre)	P (lbs/acre)	K (lbs/acre)	Salt (lbs/acre)	Amount
UN32	Solid commercial fertilizer	80.00	0.00	0.00	0.00	
Canal	Surface water	4.45	0.00	0.00	74.80	15,482,910.00 *gal*
Application event totals		84.45	0.00	0.00	74.80	

Application date	Application method	Precipitation 24 hours prior	Precipitation during application	Precipitation 24 hours following
08/26/2023	Pipeline	No precipitation	No precipitation	No precipitation

Source description	Material type	N (lbs/acre)	P (lbs/acre)	K (lbs/acre)	Salt (lbs/acre)	Amount
Canal	Surface water	3.84	0.00	0.00	64.66	13,383,410.00 *gal*
Application event totals		3.84	0.00	0.00	64.66	

Application date	Application method	Precipitation 24 hours prior	Precipitation during application	Precipitation 24 hours following
09/04/2023	Surface (irrigation)	No precipitation	No precipitation	No precipitation

Source description	Material type	N (lbs/acre)	P (lbs/acre)	K (lbs/acre)	Salt (lbs/acre)	Amount
Canal	Surface water	4.37	0.00	0.00	73.58	15,230,400.00 *gal*
Application event totals		4.37	0.00	0.00	73.58	

Application date	Application method	Precipitation 24 hours prior	Precipitation during application	Precipitation 24 hours following
09/17/2023	Surface (irrigation)	No precipitation	No precipitation	No precipitation

Source description	Material type	N (lbs/acre)	P (lbs/acre)	K (lbs/acre)	Salt (lbs/acre)	Amount
Canal	Surface water	3.74	0.00	0.00	62.93	13,025,925.00 *gal*
Application event totals		3.74	0.00	0.00	62.93	

NW Pike - 07/11/2023: Corn, silage

Application date	Application method	Precipitation 24 hours prior	Precipitation during application	Precipitation 24 hours following
09/29/2023	Surface (irrigation)	No precipitation	No precipitation	No precipitation

Source description	Material type	N (lbs/acre)	P (lbs/acre)	K (lbs/acre)	Salt (lbs/acre)	Amount
Canal	Surface water	4.13	0.00	0.00	69.54	14,393,450.00 *gal*
Application event totals		4.13	0.00	0.00	69.54	

Purdy Carry - 11/25/2022: Oats, silage-soft dough

Field name: Purdy Carry

Crop: Oats, silage-soft dough

Plant date: 11/25/2022

Application date	Application method	Precipitation 24 hours prior	Precipitation during application	Precipitation 24 hours following
10/08/2022	Broadcast/incorporate	No precipitation	No precipitation	No precipitation

Source description	Material type	N (lbs/acre)	P (lbs/acre)	K (lbs/acre)	Salt (lbs/acre)	Amount
Solid Manure	Corral solids	127.04	15.04	59.34	0.00	1,085.00 *ton*
Application event totals		127.04	15.04	59.34	0.00	

04/08/2023	Surface (irrigation)	No precipitation	No precipitation	No precipitation

Source description	Material type	N (lbs/acre)	P (lbs/acre)	K (lbs/acre)	Salt (lbs/acre)	Amount
Canal	Surface water	4.85	0.00	0.00	81.63	27,565,975.00 *gal*
Application event totals		4.85	0.00	0.00	81.63	

RRD Ranch - 01/01/2023: Almond, in shell

Field name: RRD Ranch

Crop: Almond, in shell

Plant date: 01/01/2023

Application date	Application method	Precipitation 24 hours prior	Precipitation during application	Precipitation 24 hours following

RRD Ranch - 01/01/2023: Almond, in shell

Application date	Application method	Precipitation 24 hours prior	Precipitation during application	Precipitation 24 hours following
02/01/2023	Broadcast/incorporate	No precipitation	No precipitation	No precipitation

Source description	Material type	N (lbs/acre)	P (lbs/acre)	K (lbs/acre)	Salt (lbs/acre)	Amount
CAN 17	Solid commercial fertilizer	46.75	0.00	0.00	0.00	
Application event totals		46.75	0.00	0.00	0.00	

Application date	Application method	Precipitation 24 hours prior	Precipitation during application	Precipitation 24 hours following
04/01/2023	Surface (irrigation)	No precipitation	No precipitation	No precipitation

Source description	Material type	N (lbs/acre)	P (lbs/acre)	K (lbs/acre)	Salt (lbs/acre)	Amount
Irrigation Well	Ground water	5.39	0.00	0.00	1,023.83	63,001,815.00 *gal*
Application event totals		5.39	0.00	0.00	1,023.83	

Application date	Application method	Precipitation 24 hours prior	Precipitation during application	Precipitation 24 hours following
05/01/2023	Surface (irrigation)	No precipitation	No precipitation	No precipitation

Source description	Material type	N (lbs/acre)	P (lbs/acre)	K (lbs/acre)	Salt (lbs/acre)	Amount
UN32	Solid commercial fertilizer	80.00	0.00	0.00	0.00	
Irrigation Well	Ground water	4.68	0.00	0.00	889.89	54,759,900.00 *gal*
Application event totals		84.68	0.00	0.00	889.89	

Application date	Application method	Precipitation 24 hours prior	Precipitation during application	Precipitation 24 hours following
06/01/2023	Surface (irrigation)	No precipitation	No precipitation	No precipitation

Source description	Material type	N (lbs/acre)	P (lbs/acre)	K (lbs/acre)	Salt (lbs/acre)	Amount
Irrigation Well	Ground water	4.56	0.00	0.00	867.08	53,356,275.00 *gal*
Application event totals		4.56	0.00	0.00	867.08	

Application date	Application method	Precipitation 24 hours prior	Precipitation during application	Precipitation 24 hours following
07/01/2023	Surface (irrigation)	No precipitation	No precipitation	No precipitation

Source description	Material type	N (lbs/acre)	P (lbs/acre)	K (lbs/acre)	Salt (lbs/acre)	Amount
Irrigation Well	Ground water	4.17	0.00	0.00	792.92	48,792,570.00 *gal*
Application event totals		4.17	0.00	0.00	792.92	

Application date	Application method	Precipitation 24 hours prior	Precipitation during application	Precipitation 24 hours following
08/01/2023	Surface (irrigation)	No precipitation	No precipitation	No precipitation

Source description	Material type	N (lbs/acre)	P (lbs/acre)	K (lbs/acre)	Salt (lbs/acre)	Amount
Irrigation Well	Ground water	4.46	0.00	0.00	846.97	52,118,933.00 *gal*
Application event totals		4.46	0.00	0.00	846.97	

RRD Ranch - 01/01/2023: Almond, in shell

Application date	Application method	Precipitation 24 hours prior	Precipitation during application	Precipitation 24 hours following
09/01/2023	Surface (irrigation)	No precipitation	No precipitation	No precipitation

Source description	Material type	N (lbs/acre)	P (lbs/acre)	K (lbs/acre)	Salt (lbs/acre)	Amount
Irrigation Well	Ground water	3.94	0.00	0.00	748.69	46,071,300.00 *gal*
Application event totals		3.94	0.00	0.00	748.69	

Telegraph AJ - 10/06/2022: Rye Grass Silage

Field name: Telegraph AJ

Crop: Rye Grass Silage

Plant date: 10/06/2022

Application date	Application method	Precipitation 24 hours prior	Precipitation during application	Precipitation 24 hours following
09/22/2022	Surface (irrigation)	No precipitation	No precipitation	No precipitation

Source description	Material type	N (lbs/acre)	P (lbs/acre)	K (lbs/acre)	Salt (lbs/acre)	Amount
WWS	Process wastewater	58.67	8.59	59.91	394.53	671,660.00 *gal*
River	Surface water	5.53	0.00	0.00	21.54	13,253,086.00 *gal*
Application event totals		64.20	8.59	59.91	416.08	

12/20/2022	Surface (irrigation)	No precipitation	No precipitation	No precipitation

Source description	Material type	N (lbs/acre)	P (lbs/acre)	K (lbs/acre)	Salt (lbs/acre)	Amount
WWS	Process wastewater	48.21	7.06	49.22	324.17	551,871.00 *gal*
Application event totals		48.21	7.06	49.22	324.17	

02/20/2023	Surface (irrigation)	No precipitation	No precipitation	No precipitation

Source description	Material type	N (lbs/acre)	P (lbs/acre)	K (lbs/acre)	Salt (lbs/acre)	Amount
WWS	Process wastewater	28.48	3.03	36.33	350.28	428,654.00 *gal*
River	Surface water	4.17	0.00	0.00	16.23	9,983,743.00 *gal*
Application event totals		32.64	3.03	36.33	366.51	

Telegraph AJ - 10/06/2022: Rye Grass Silage

Application date	Application method	Precipitation 24 hours prior	Precipitation during application	Precipitation 24 hours following
03/20/2023	Surface (irrigation)	No precipitation	No precipitation	No precipitation

Source description	Material type	N (lbs/acre)	P (lbs/acre)	K (lbs/acre)	Salt (lbs/acre)	Amount
WWS	Process wastewater	28.81	3.06	36.76	354.39	433,689.00 *gal*
River	Surface water	3.81	0.00	0.00	14.84	9,125,655.00 *gal*
Application event totals		32.62	3.06	36.76	369.23	

Telegraph AJ - 07/06/2023: Corn, silage

Field name: Telegraph AJ

Crop: Corn, silage

Plant date: 07/06/2023

Application date	Application method	Precipitation 24 hours prior	Precipitation during application	Precipitation 24 hours following
06/07/2023	Broadcast/incorporate	No precipitation	No precipitation	No precipitation

Source description	Material type	N (lbs/acre)	P (lbs/acre)	K (lbs/acre)	Salt (lbs/acre)	Amount
Solid Manure	Separator solids	121.65	10.80	17.44	0.00	308.00 *ton*
Application event totals		121.65	10.80	17.44	0.00	

Application date	Application method	Precipitation 24 hours prior	Precipitation during application	Precipitation 24 hours following
06/24/2023	Surface (irrigation)	No precipitation	No precipitation	No precipitation

Source description	Material type	N (lbs/acre)	P (lbs/acre)	K (lbs/acre)	Salt (lbs/acre)	Amount
River	Surface water	5.64	0.00	0.00	21.97	13,512,268.00 *gal*
Application event totals		5.64	0.00	0.00	21.97	

Application date	Application method	Precipitation 24 hours prior	Precipitation during application	Precipitation 24 hours following
07/06/2023	Broadcast/incorporate	No precipitation	No precipitation	No precipitation

Source description	Material type	N (lbs/acre)	P (lbs/acre)	K (lbs/acre)	Salt (lbs/acre)	Amount
6-19-1	Solid commercial fertilizer	12.00	38.00	2.00	0.00	
Application event totals		12.00	38.00	2.00	0.00	

Telegraph AJ - 07/06/2023: Corn, silage

Application date	Application method	Precipitation 24 hours prior	Precipitation during application	Precipitation 24 hours following
08/08/2023	Surface (irrigation)	No precipitation	No precipitation	No precipitation

Source description	Material type	N (lbs/acre)	P (lbs/acre)	K (lbs/acre)	Salt (lbs/acre)	Amount
UN32	Solid commercial fertilizer	80.00	0.00	0.00	0.00	
River	Surface water	4.99	0.00	0.00	19.45	11,966,955.00 *gal*
Application event totals		84.99	0.00	0.00	19.45	

Application date	Application method	Precipitation 24 hours prior	Precipitation during application	Precipitation 24 hours following
08/20/2023	Surface (irrigation)	No precipitation	No precipitation	No precipitation

Source description	Material type	N (lbs/acre)	P (lbs/acre)	K (lbs/acre)	Salt (lbs/acre)	Amount
River	Surface water	4.46	0.00	0.00	17.36	10,681,055.00 *gal*
Application event totals		4.46	0.00	0.00	17.36	

Application date	Application method	Precipitation 24 hours prior	Precipitation during application	Precipitation 24 hours following
09/01/2023	Surface (irrigation)	No precipitation	No precipitation	No precipitation

Source description	Material type	N (lbs/acre)	P (lbs/acre)	K (lbs/acre)	Salt (lbs/acre)	Amount
River	Surface water	4.40	0.00	0.00	17.14	10,541,606.00 *gal*
Application event totals		4.40	0.00	0.00	17.14	

Application date	Application method	Precipitation 24 hours prior	Precipitation during application	Precipitation 24 hours following
09/15/2023	Surface (irrigation)	No precipitation	No precipitation	No precipitation

Source description	Material type	N (lbs/acre)	P (lbs/acre)	K (lbs/acre)	Salt (lbs/acre)	Amount
River	Surface water	4.63	0.00	0.00	18.03	11,092,543.00 *gal*
Application event totals		4.63	0.00	0.00	18.03	

Application date	Application method	Precipitation 24 hours prior	Precipitation during application	Precipitation 24 hours following
09/28/2023	Surface (irrigation)	No precipitation	No precipitation	No precipitation

Source description	Material type	N (lbs/acre)	P (lbs/acre)	K (lbs/acre)	Salt (lbs/acre)	Amount
River	Surface water	4.43	0.00	0.00	17.27	10,620,532.00 *gal*
Application event totals		4.43	0.00	0.00	17.27	

Application date	Application method	Precipitation 24 hours prior	Precipitation during application	Precipitation 24 hours following
10/10/2023	Surface (irrigation)	No precipitation	No precipitation	No precipitation

Source description	Material type	N (lbs/acre)	P (lbs/acre)	K (lbs/acre)	Salt (lbs/acre)	Amount
River	Surface water	4.02	0.00	0.00	15.67	9,639,476.00 *gal*
Application event totals		4.02	0.00	0.00	15.67	

Van Ranch - 10/06/2022: Oats, silage-soft dough

Field name: Van Ranch

Crop: Oats, silage-soft dough

Plant date: 10/06/2022

Application date	Application method	Precipitation 24 hours prior	Precipitation during application	Precipitation 24 hours following
09/20/2022	Surface (irrigation)	No precipitation	No precipitation	No precipitation

Source description	Material type	N (lbs/acre)	P (lbs/acre)	K (lbs/acre)	Salt (lbs/acre)	Amount
River	Surface water	6.06	0.00	0.00	23.59	9,424,116.00 *gal*
Application event totals		6.06	0.00	0.00	23.59	

Application date	Application method	Precipitation 24 hours prior	Precipitation during application	Precipitation 24 hours following
12/09/2022	Surface (irrigation)	No precipitation	No precipitation	No precipitation

Source description	Material type	N (lbs/acre)	P (lbs/acre)	K (lbs/acre)	Salt (lbs/acre)	Amount
WWS	Process wastewater	88.14	12.90	90.00	592.68	655,189.00 *gal*
Application event totals		88.14	12.90	90.00	592.68	

Application date	Application method	Precipitation 24 hours prior	Precipitation during application	Precipitation 24 hours following
03/22/2023	Surface (irrigation)	No precipitation	No precipitation	No precipitation

Source description	Material type	N (lbs/acre)	P (lbs/acre)	K (lbs/acre)	Salt (lbs/acre)	Amount
WWS	Process wastewater	64.44	6.85	82.21	792.65	629,875.00 *gal*
River	Surface water	4.54	0.00	0.00	17.70	7,071,460.00 *gal*
Application event totals		68.99	6.85	82.21	810.35	

Van Ranch - 06/28/2023: Corn, silage

Field name: Van Ranch

Crop: Corn, silage

Plant date: 06/28/2023

Application date	Application method	Precipitation 24 hours prior	Precipitation during application	Precipitation 24 hours following
06/07/2023	Broadcast/incorporate	No precipitation	No precipitation	No precipitation

Source description	Material type	N (lbs/acre)	P (lbs/acre)	K (lbs/acre)	Salt (lbs/acre)	Amount
Solid Manure	Separator solids	121.65	10.80	17.44	0.00	200.00 *ton*
Application event totals		121.65	10.80	17.44	0.00	

Van Ranch - 06/28/2023: Corn, silage

Application date	Application method	Precipitation 24 hours prior	Precipitation during application	Precipitation 24 hours following
06/12/2023	Surface (irrigation)	No precipitation	No precipitation	No precipitation

Source description	Material type	N (lbs/acre)	P (lbs/acre)	K (lbs/acre)	Salt (lbs/acre)	Amount
River	Surface water	5.98	0.00	0.00	23.31	9,312,750.00 *gal*
Application event totals		5.98	0.00	0.00	23.31	

Application date	Application method	Precipitation 24 hours prior	Precipitation during application	Precipitation 24 hours following
06/28/2023	Broadcast/incorporate	No precipitation	No precipitation	No precipitation

Source description	Material type	N (lbs/acre)	P (lbs/acre)	K (lbs/acre)	Salt (lbs/acre)	Amount
6-19-1	Solid commercial fertilizer	12.00	38.00	2.00	0.00	
Application event totals		12.00	38.00	2.00	0.00	

Application date	Application method	Precipitation 24 hours prior	Precipitation during application	Precipitation 24 hours following
07/31/2023	Surface (irrigation)	No precipitation	No precipitation	No precipitation

Source description	Material type	N (lbs/acre)	P (lbs/acre)	K (lbs/acre)	Salt (lbs/acre)	Amount
UN32	Solid commercial fertilizer	80.00	0.00	0.00	0.00	
River	Surface water	5.31	0.00	0.00	20.68	8,261,250.00 *gal*
Application event totals		85.31	0.00	0.00	20.68	

Application date	Application method	Precipitation 24 hours prior	Precipitation during application	Precipitation 24 hours following
08/15/2023	Surface (irrigation)	No precipitation	No precipitation	No precipitation

Source description	Material type	N (lbs/acre)	P (lbs/acre)	K (lbs/acre)	Salt (lbs/acre)	Amount
River	Surface water	4.66	0.00	0.00	18.14	7,244,450.00 *gal*
Application event totals		4.66	0.00	0.00	18.14	

Application date	Application method	Precipitation 24 hours prior	Precipitation during application	Precipitation 24 hours following
08/29/2023	Surface (irrigation)	No precipitation	No precipitation	No precipitation

Source description	Material type	N (lbs/acre)	P (lbs/acre)	K (lbs/acre)	Salt (lbs/acre)	Amount
River	Surface water	5.14	0.00	0.00	20.01	7,992,400.00 *gal*
Application event totals		5.14	0.00	0.00	20.01	

Application date	Application method	Precipitation 24 hours prior	Precipitation during application	Precipitation 24 hours following
09/13/2023	Surface (irrigation)	No precipitation	No precipitation	No precipitation

Source description	Material type	N (lbs/acre)	P (lbs/acre)	K (lbs/acre)	Salt (lbs/acre)	Amount
River	Surface water	4.18	0.00	0.00	16.30	6,510,800.00 *gal*
Application event totals		4.18	0.00	0.00	16.30	

Van Ranch - 06/28/2023: Corn, silage

Application date	Application method	Precipitation 24 hours prior	Precipitation during application	Precipitation 24 hours following
09/29/2023	Surface (irrigation)	No precipitation	No precipitation	No precipitation

Source description	Material type	N (lbs/acre)	P (lbs/acre)	K (lbs/acre)	Salt (lbs/acre)	Amount
River	Surface water	4.54	0.00	0.00	17.68	7,062,750.00 *gal*
Application event totals		4.54	0.00	0.00	17.68	

West Orestimba - 07/19/2023: Corn, silage

Field name: West Orestimba

Crop: Corn, silage

Plant date: 07/19/2023

Application date	Application method	Precipitation 24 hours prior	Precipitation during application	Precipitation 24 hours following
06/05/2023	Broadcast/incorporate	No precipitation	No precipitation	No precipitation

Source description	Material type	N (lbs/acre)	P (lbs/acre)	K (lbs/acre)	Salt (lbs/acre)	Amount
Solid Manure	Separator solids	121.65	10.80	17.44	0.00	360.00 *ton*
Application event totals		121.65	10.80	17.44	0.00	

07/01/2023	Surface (irrigation)	No precipitation	No precipitation	No precipitation

Source description	Material type	N (lbs/acre)	P (lbs/acre)	K (lbs/acre)	Salt (lbs/acre)	Amount
River	Surface water	4.35	0.00	0.00	97.12	16,114,950.00 *gal*
Application event totals		4.35	0.00	0.00	97.12	

07/19/2023	Broadcast/incorporate	No precipitation	No precipitation	No precipitation

Source description	Material type	N (lbs/acre)	P (lbs/acre)	K (lbs/acre)	Salt (lbs/acre)	Amount
6-19-1	Solid commercial fertilizer	12.00	38.00	2.00	0.00	
Application event totals		12.00	38.00	2.00	0.00	

08/22/2023	Surface (irrigation)	No precipitation	No precipitation	No precipitation

Source description	Material type	N (lbs/acre)	P (lbs/acre)	K (lbs/acre)	Salt (lbs/acre)	Amount
UN32	Solid commercial fertilizer	80.00	0.00	0.00	0.00	
River	Surface water	3.72	0.00	0.00	83.12	13,790,880.00 *gal*
Application event totals		83.72	0.00	0.00	83.12	

West Orestimba - 07/19/2023: Corn, silage

Application date	Application method	Precipitation 24 hours prior	Precipitation during application	Precipitation 24 hours following
09/01/2023	Surface (irrigation)	No precipitation	No precipitation	No precipitation

Source description	Material type	N (lbs/acre)	P (lbs/acre)	K (lbs/acre)	Salt (lbs/acre)	Amount
River	Surface water	3.42	0.00	0.00	76.43	12,681,450.00 *gal*
Application event totals		3.42	0.00	0.00	76.43	

Application date	Application method	Precipitation 24 hours prior	Precipitation during application	Precipitation 24 hours following
09/17/2023	Surface (irrigation)	No precipitation	No precipitation	No precipitation

Source description	Material type	N (lbs/acre)	P (lbs/acre)	K (lbs/acre)	Salt (lbs/acre)	Amount
River	Surface water	3.92	0.00	0.00	87.45	14,510,610.00 *gal*
Application event totals		3.92	0.00	0.00	87.45	

Application date	Application method	Precipitation 24 hours prior	Precipitation during application	Precipitation 24 hours following
09/30/2023	Surface (irrigation)	No precipitation	No precipitation	No precipitation

Source description	Material type	N (lbs/acre)	P (lbs/acre)	K (lbs/acre)	Salt (lbs/acre)	Amount
River	Surface water	3.15	0.00	0.00	70.46	11,690,910.00 *gal*
Application event totals		3.15	0.00	0.00	70.46	

Application date	Application method	Precipitation 24 hours prior	Precipitation during application	Precipitation 24 hours following
10/15/2023	Surface (irrigation)	No precipitation	No precipitation	No precipitation

Source description	Material type	N (lbs/acre)	P (lbs/acre)	K (lbs/acre)	Salt (lbs/acre)	Amount
River	Surface water	3.67	0.00	0.00	81.96	13,599,640.00 *gal*
Application event totals		3.67	0.00	0.00	81.96	

Wilson Ranch - 07/19/2023: Sudangrass, silage

Field name: Wilson Ranch

Crop: Sudangrass, silage

Plant date: 07/19/2023

Application date	Application method	Precipitation 24 hours prior	Precipitation during application	Precipitation 24 hours following
07/03/2023	Surface (irrigation)	No precipitation	No precipitation	No precipitation

Source description	Material type	N (lbs/acre)	P (lbs/acre)	K (lbs/acre)	Salt (lbs/acre)	Amount
River	Surface water	5.82	0.00	0.00	22.69	92,983,815.00 *gal*
Application event totals		5.82	0.00	0.00	22.69	

Wilson Ranch - 07/19/2023: Sudangrass, silage

Application date	Application method	Precipitation 24 hours prior	Precipitation during application	Precipitation 24 hours following
07/19/2023	Broadcast/incorporate	No precipitation	No precipitation	No precipitation

Source description	Material type	N (lbs/acre)	P (lbs/acre)	K (lbs/acre)	Salt (lbs/acre)	Amount
6-19-1	Solid commercial fertilizer	12.00	38.00	2.00	0.00	
Application event totals		12.00	38.00	2.00	0.00	

Application date	Application method	Precipitation 24 hours prior	Precipitation during application	Precipitation 24 hours following
08/20/2023	Surface (irrigation)	No precipitation	No precipitation	No precipitation

Source description	Material type	N (lbs/acre)	P (lbs/acre)	K (lbs/acre)	Salt (lbs/acre)	Amount
UN32	Solid commercial fertilizer	80.00	0.00	0.00	0.00	
River	Surface water	5.37	0.00	0.00	20.91	85,675,104.00 *gal*
Application event totals		85.37	0.00	0.00	20.91	

Application date	Application method	Precipitation 24 hours prior	Precipitation during application	Precipitation 24 hours following
08/31/2023	Surface (irrigation)	No precipitation	No precipitation	No precipitation

Source description	Material type	N (lbs/acre)	P (lbs/acre)	K (lbs/acre)	Salt (lbs/acre)	Amount
River	Surface water	4.66	0.00	0.00	18.14	74,328,570.00 *gal*
Application event totals		4.66	0.00	0.00	18.14	

Application date	Application method	Precipitation 24 hours prior	Precipitation during application	Precipitation 24 hours following
09/16/2023	Surface (irrigation)	No precipitation	No precipitation	No precipitation

Source description	Material type	N (lbs/acre)	P (lbs/acre)	K (lbs/acre)	Salt (lbs/acre)	Amount
River	Surface water	5.11	0.00	0.00	19.92	81,627,534.00 *gal*
Application event totals		5.11	0.00	0.00	19.92	

Application date	Application method	Precipitation 24 hours prior	Precipitation during application	Precipitation 24 hours following
09/29/2023	Surface (irrigation)	No precipitation	No precipitation	No precipitation

Source description	Material type	N (lbs/acre)	P (lbs/acre)	K (lbs/acre)	Salt (lbs/acre)	Amount
River	Surface water	4.41	0.00	0.00	17.16	70,336,404.00 *gal*
Application event totals		4.41	0.00	0.00	17.16	

Application date	Application method	Precipitation 24 hours prior	Precipitation during application	Precipitation 24 hours following
10/16/2023	Surface (irrigation)	No precipitation	No precipitation	No precipitation

Source description	Material type	N (lbs/acre)	P (lbs/acre)	K (lbs/acre)	Salt (lbs/acre)	Amount
River	Surface water	4.83	0.00	0.00	18.80	77,062,347.00 *gal*
Application event totals		4.83	0.00	0.00	18.80	

B. NUTRIENT BUDGET

700 Ranch - 01/01/2023: Almond, in shell

Field name: 700 Ranch Crop: Almond, in shell Plant date: 01/01/2023

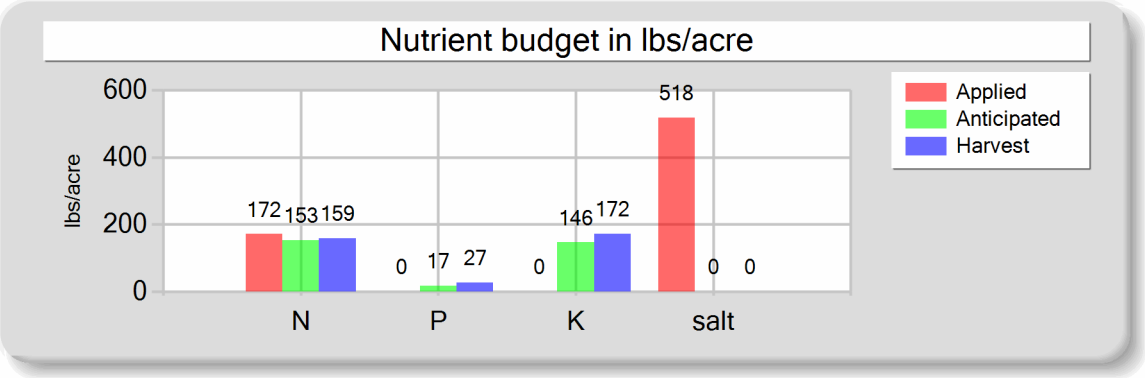

	Total N (lbs/acre)	Total P (lbs/acre)	Total K (lbs/acre)	Total salt (lbs/acre)
Existing soil nutrient content	0.00	0.00	0.00	0.00
Plowdown credit	0.00	0.00	0.00	0.00
Commercial fertilizer / Other	126.75	0.00	0.00	0.00
Dry manure	0.00	0.00	0.00	0.00
Process wastewater	0.00	0.00	0.00	0.00
Fresh water	30.79	0.00	0.00	517.80
Atmospheric deposition	14.00	0.00	0.00	0.00
Total nutrients applied	171.54	0.00	0.00	517.80
Anticipated crop nutrient removal	152.80	16.80	146.40	0.00
Actual crop nutrient removal	158.55	26.83	171.97	0.00
Nutrient balance	12.98	-26.83	-171.97	517.80
Applied to removed ratio	1.08	0.00	0.00	0.00

Fresh water applied	
791,977,586.00	*gallons*
29,165.84	*acre-inches*
41.55	*inches/acre*

Process wastewater applied	
0.00	*gallons*
0.00	*acre-inches*
0.00	*inches/acre*

Total harvests for the crop	
1	*harvests*

AJ 7 - 10/25/2022: Oats, silage-soft dough

Field name: AJ 7 Crop: Oats, silage-soft dough Plant date: 10/25/2022

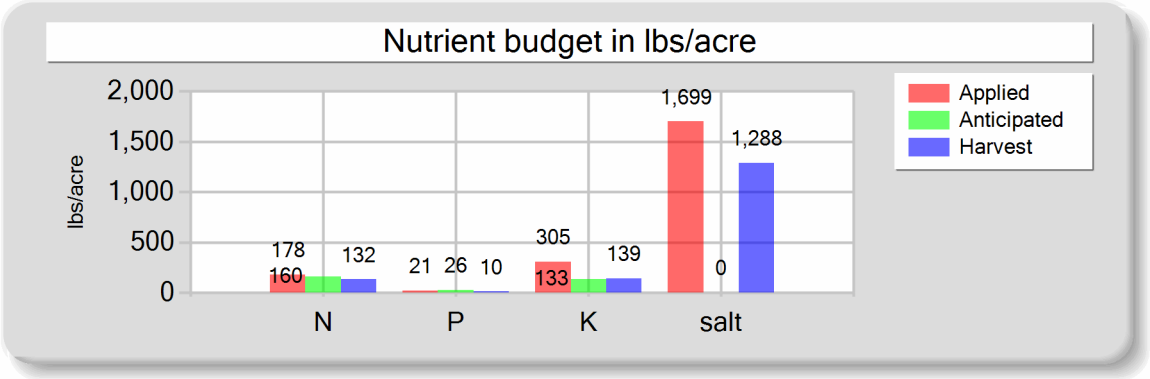

	Total N (lbs/acre)	Total P (lbs/acre)	Total K (lbs/acre)	Total salt (lbs/acre)
Existing soil nutrient content	0.00	0.00	0.00	0.00
Plowdown credit	0.00	0.00	0.00	0.00
Commercial fertilizer / Other	0.00	0.00	0.00	0.00
Dry manure	0.00	0.00	0.00	0.00
Process wastewater	157.68	21.06	304.74	1,646.21
Fresh water	13.66	0.00	0.00	53.22
Atmospheric deposition	7.00	0.00	0.00	0.00
Total nutrients applied	178.34	21.06	304.74	1,699.42
Anticipated crop nutrient removal	160.00	25.60	132.80	0.00
Actual crop nutrient removal	132.05	10.43	139.00	1,288.03
Nutrient balance	46.29	10.63	165.74	411.39
Applied to removed ratio	1.35	2.02	2.19	1.32

Fresh water applied	
17,005,760.00	*gallons*
626.26	*acre-inches*
15.66	*inches/acre*

Process wastewater applied	
1,544,859.00	*gallons*
56.89	*acre-inches*
1.42	*inches/acre*

Total harvests for the crop	
1	*harvests*

AJ 7 - 06/13/2023: Corn, silage

Field name: AJ 7 Crop: Corn, silage Plant date: 06/13/2023

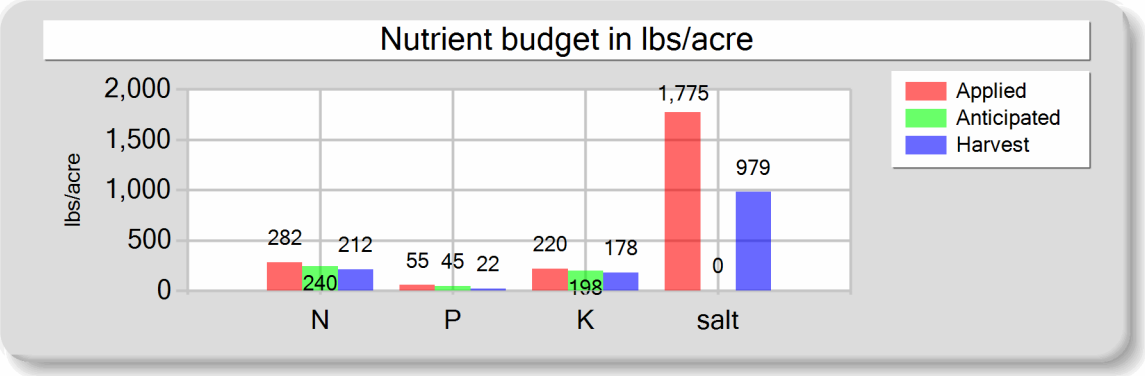

	Total N (lbs/acre)	Total P (lbs/acre)	Total K (lbs/acre)	Total salt (lbs/acre)
Existing soil nutrient content	0.00	0.00	0.00	0.00
Plowdown credit	0.00	0.00	0.00	0.00
Commercial fertilizer / Other	92.00	38.00	2.00	0.00
Dry manure	0.00	0.00	0.00	0.00
Process wastewater	150.66	16.96	218.19	1,648.74
Fresh water	32.41	0.00	0.00	126.26
Atmospheric deposition	7.00	0.00	0.00	0.00
Total nutrients applied	282.07	54.96	220.19	1,775.01
Anticipated crop nutrient removal	240.00	45.00	198.00	0.00
Actual crop nutrient removal	212.42	21.68	177.74	979.28
Nutrient balance	69.65	33.28	42.45	795.73
Applied to removed ratio	1.33	2.54	1.24	1.81

Fresh water applied	
40,348,120.00	*gallons*
1,485.88	*acre-inches*
37.15	*inches/acre*

Process wastewater applied	
1,347,475.00	*gallons*
49.62	*acre-inches*
1.24	*inches/acre*

Total harvests for the crop	
1	*harvests*

AJ Beef - 11/17/2022: Oats, silage-soft dough

Field name: AJ Beef Crop: Oats, silage-soft dough Plant date: 11/17/2022

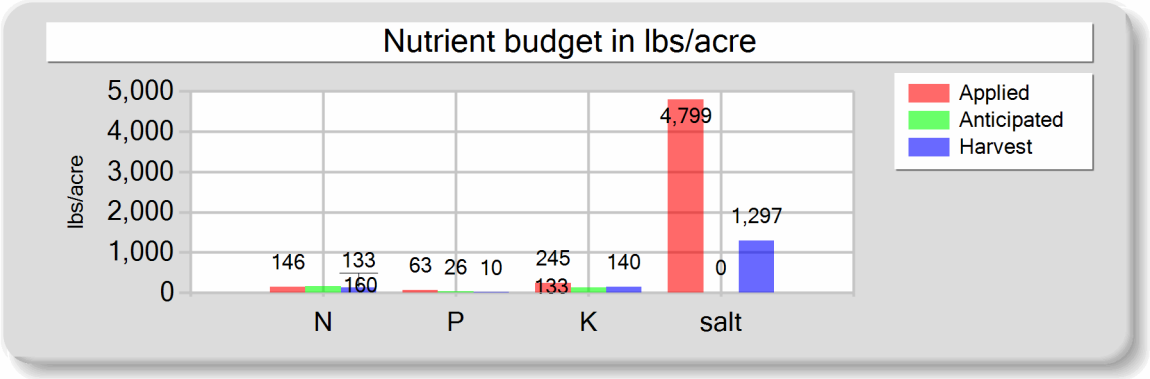

	Total N (lbs/acre)	Total P (lbs/acre)	Total K (lbs/acre)	Total salt (lbs/acre)
Existing soil nutrient content	0.00	0.00	0.00	0.00
Plowdown credit	0.00	0.00	0.00	0.00
Commercial fertilizer / Other	0.00	0.00	0.00	0.00
Dry manure	123.88	63.14	245.35	4,739.26
Process wastewater	0.00	0.00	0.00	0.00
Fresh water	15.39	0.00	0.00	59.96
Atmospheric deposition	7.00	0.00	0.00	0.00
Total nutrients applied	146.27	63.14	245.35	4,799.22
Anticipated crop nutrient removal	160.00	25.60	132.80	0.00
Actual crop nutrient removal	132.96	10.50	139.96	1,296.94
Nutrient balance	13.30	52.64	105.39	3,502.27
Applied to removed ratio	1.10	6.01	1.75	3.70

Fresh water applied	
50,297,310.00	*gallons*
1,852.28	*acre-inches*
17.64	*inches/acre*

Process wastewater applied	
0.00	*gallons*
0.00	*acre-inches*
0.00	*inches/acre*

Total harvests for the crop	
1	*harvests*

AJ Beef - 06/26/2023: Corn, silage

Field name: AJ Beef Crop: Corn, silage Plant date: 06/26/2023

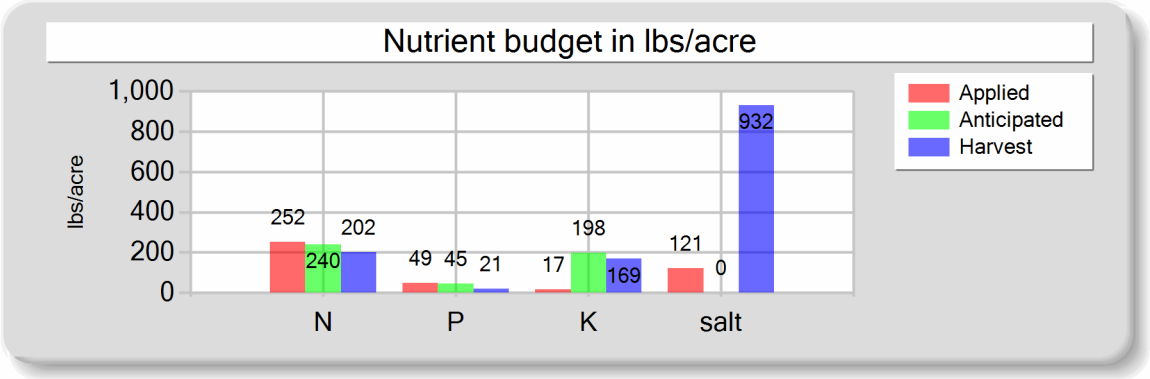

	Total N (lbs/acre)	Total P (lbs/acre)	Total K (lbs/acre)	Total salt (lbs/acre)
Existing soil nutrient content	0.00	0.00	0.00	0.00
Plowdown credit	0.00	0.00	0.00	0.00
Commercial fertilizer / Other	92.00	38.00	0.00	0.00
Dry manure	121.65	10.80	17.44	0.00
Process wastewater	0.00	0.00	0.00	0.00
Fresh water	31.01	0.00	0.00	120.82
Atmospheric deposition	7.00	0.00	0.00	0.00
Total nutrients applied	251.66	48.80	17.44	120.82
Anticipated crop nutrient removal	240.00	45.00	198.00	0.00
Actual crop nutrient removal	202.07	20.62	169.08	931.57
Nutrient balance	49.60	28.18	-151.64	-810.75
Applied to removed ratio	1.25	2.37	0.10	0.13

Fresh water applied	
101,346,510.00	*gallons*
3,732.25	*acre-inches*
35.55	*inches/acre*

Process wastewater applied	
0.00	*gallons*
0.00	*acre-inches*
0.00	*inches/acre*

Total harvests for the crop	
1	*harvests*

AJ Blow Rd - 10/05/2022: Rye Grass Silage

Field name: AJ Blow Rd | Crop: Rye Grass Silage | Plant date: 10/05/2022

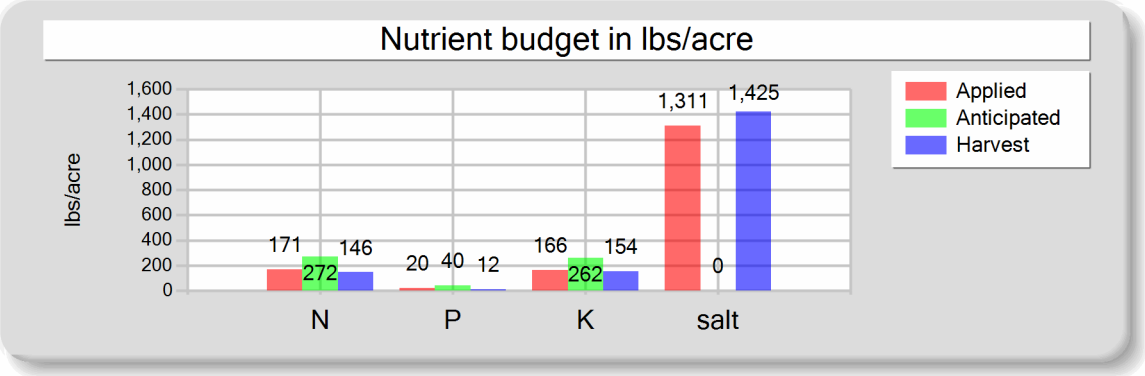

	Total N (lbs/acre)	Total P (lbs/acre)	Total K (lbs/acre)	Total salt (lbs/acre)
Existing soil nutrient content	0.00	0.00	0.00	0.00
Plowdown credit	0.00	0.00	0.00	0.00
Commercial fertilizer / Other	0.00	0.00	0.00	0.00
Dry manure	0.00	0.00	0.00	0.00
Process wastewater	151.18	20.38	165.54	1,261.24
Fresh water	12.68	0.00	0.00	49.41
Atmospheric deposition	7.00	0.00	0.00	0.00
Total nutrients applied	170.86	20.38	165.54	1,310.65
Anticipated crop nutrient removal	272.00	40.00	262.40	0.00
Actual crop nutrient removal	146.14	11.54	153.83	1,425.44
Nutrient balance	24.72	8.84	11.71	-114.79
Applied to removed ratio	1.17	1.77	1.08	0.92

Fresh water applied	
13,815,550.00	*gallons*
508.78	*acre-inches*
14.54	*inches/acre*

Process wastewater applied	
858,561.00	*gallons*
31.62	*acre-inches*
0.90	*inches/acre*

Total harvests for the crop	
1	*harvests*

AJ Blow Rd - 06/23/2023: Corn, silage

Field name: AJ Blow Rd Crop: Corn, silage Plant date: 06/23/2023

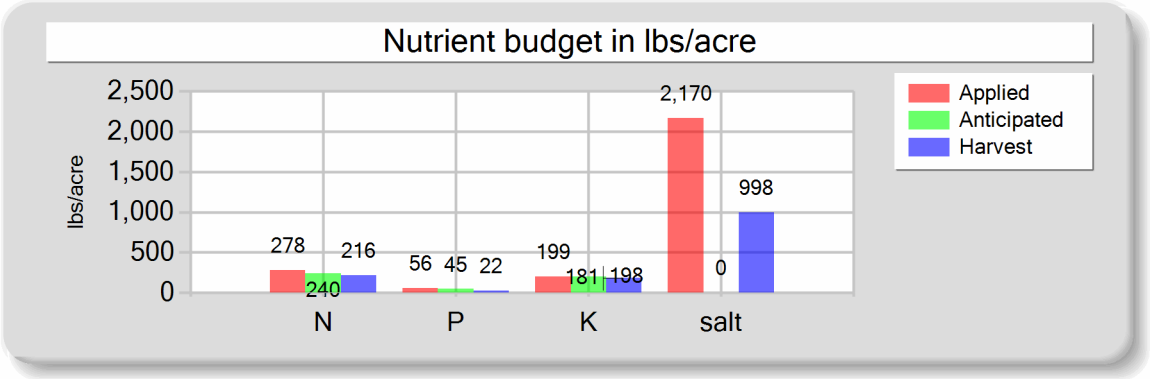

	Total N (lbs/acre)	Total P (lbs/acre)	Total K (lbs/acre)	Total salt (lbs/acre)
Existing soil nutrient content	0.00	0.00	0.00	0.00
Plowdown credit	0.00	0.00	0.00	0.00
Commercial fertilizer / Other	92.00	38.00	2.00	0.00
Dry manure	0.00	0.00	0.00	0.00
Process wastewater	147.98	18.34	196.61	2,050.29
Fresh water	30.66	0.00	0.00	119.46
Atmospheric deposition	7.00	0.00	0.00	0.00
Total nutrients applied	277.64	56.34	198.61	2,169.75
Anticipated crop nutrient removal	240.00	45.00	198.00	0.00
Actual crop nutrient removal	216.44	22.09	181.10	997.83
Nutrient balance	61.20	34.25	17.51	1,171.92
Applied to removed ratio	1.28	2.55	1.10	2.17

Fresh water applied	
33,401,965.00	*gallons*
1,230.08	*acre-inches*
35.15	*inches/acre*

Process wastewater applied	
1,048,952.00	*gallons*
38.63	*acre-inches*
1.10	*inches/acre*

Total harvests for the crop	
1	*harvests*

AJ D East - 10/05/2022: Rye Grass Silage

Field name: AJ D East | Crop: Rye Grass Silage | Plant date: 10/05/2022

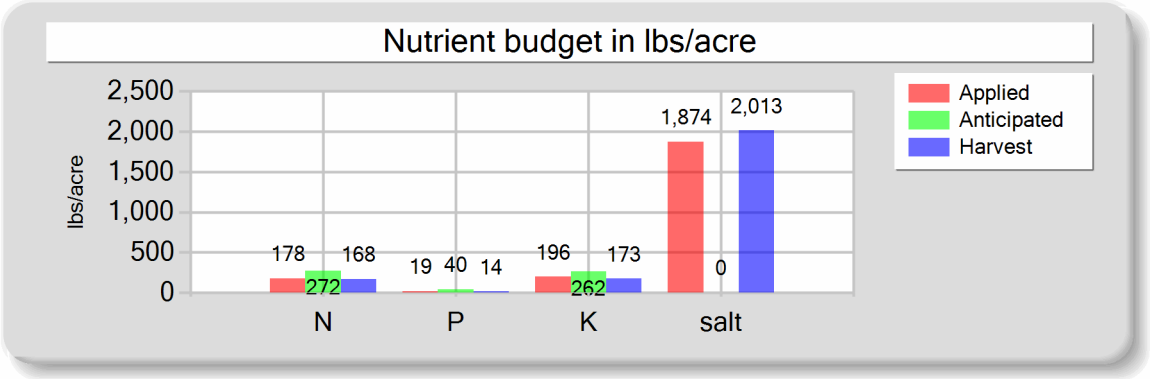

	Total N (lbs/acre)	Total P (lbs/acre)	Total K (lbs/acre)	Total salt (lbs/acre)
Existing soil nutrient content	0.00	0.00	0.00	0.00
Plowdown credit	0.00	0.00	0.00	0.00
Commercial fertilizer / Other	0.00	0.00	0.00	0.00
Dry manure	0.00	0.00	0.00	0.00
Process wastewater	163.27	19.31	195.90	1,736.99
Fresh water	8.12	0.00	0.00	136.52
Atmospheric deposition	7.00	0.00	0.00	0.00
Total nutrients applied	178.39	19.31	195.90	1,873.51
Anticipated crop nutrient removal	272.00	40.00	262.40	0.00
Actual crop nutrient removal	168.18	13.64	172.73	2,013.18
Nutrient balance	10.21	5.68	23.17	-139.67
Applied to removed ratio	1.06	1.42	1.13	0.93

Fresh water applied	
6,543,856.00	*gallons*
240.99	*acre-inches*
10.95	*inches/acre*

Process wastewater applied	
652,075.00	*gallons*
24.01	*acre-inches*
1.09	*inches/acre*

Total harvests for the crop	
1	*harvests*

AJ D East - 06/22/2023: Corn, silage

Field name: AJ D East | Crop: Corn, silage | Plant date: 06/22/2023

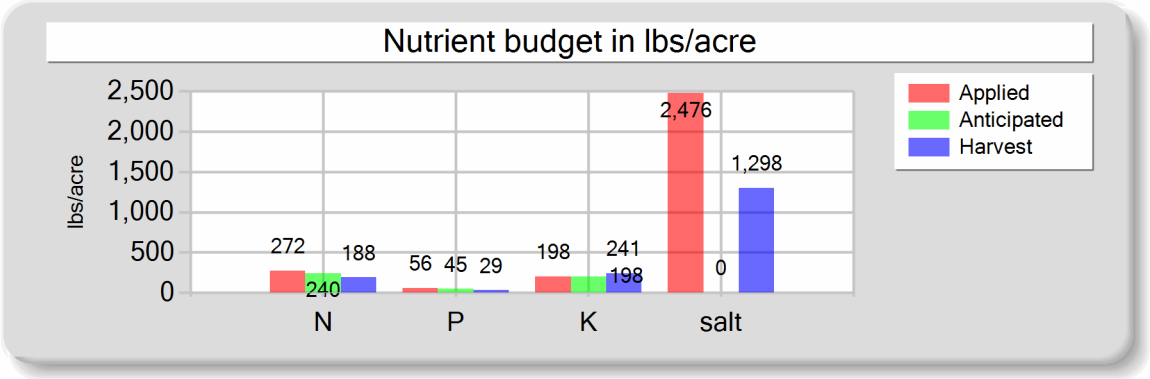

	Total N (lbs/acre)	Total P (lbs/acre)	Total K (lbs/acre)	Total salt (lbs/acre)
Existing soil nutrient content	0.00	0.00	0.00	0.00
Plowdown credit	0.00	0.00	0.00	0.00
Commercial fertilizer / Other	92.00	38.00	2.00	0.00
Dry manure	0.00	0.00	0.00	0.00
Process wastewater	144.98	18.33	195.96	2,004.72
Fresh water	28.04	0.00	0.00	471.57
Atmospheric deposition	7.00	0.00	0.00	0.00
Total nutrients applied	272.02	56.33	197.96	2,476.29
Anticipated crop nutrient removal	240.00	45.00	198.00	0.00
Actual crop nutrient removal	187.78	29.34	240.60	1,297.77
Nutrient balance	84.24	26.99	-42.64	1,178.52
Applied to removed ratio	1.45	1.92	0.82	1.91

Fresh water applied	
22,603,826.00	*gallons*
832.42	*acre-inches*
37.84	*inches/acre*

Process wastewater applied	
657,085.00	*gallons*
24.20	*acre-inches*
1.10	*inches/acre*

Total harvests for the crop	
1	*harvests*

AJ D North - 01/01/2023: Alfalfa, hay

Field name: AJ D North Crop: Alfalfa, hay Plant date: 01/01/2023

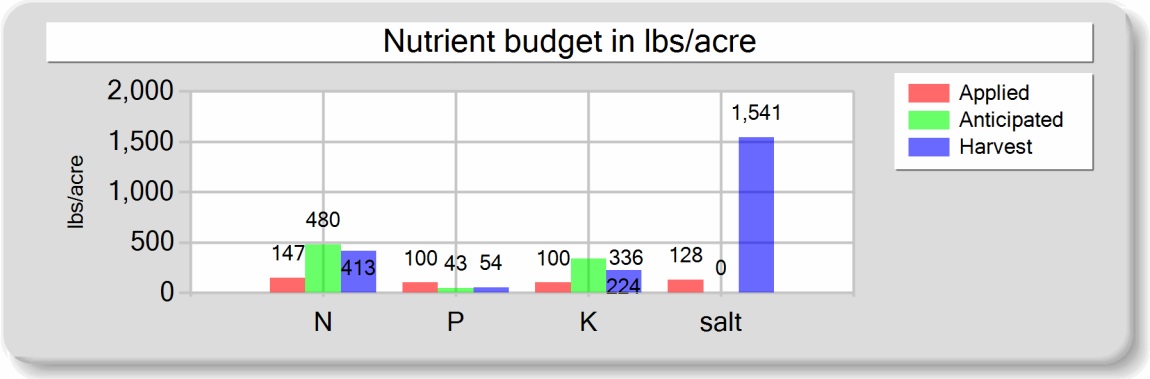

	Total N (lbs/acre)	Total P (lbs/acre)	Total K (lbs/acre)	Total salt (lbs/acre)
Existing soil nutrient content	0.00	0.00	0.00	0.00
Plowdown credit	0.00	0.00	0.00	0.00
Commercial fertilizer / Other	100.00	100.00	100.00	0.00
Dry manure	0.00	0.00	0.00	0.00
Process wastewater	0.00	0.00	0.00	0.00
Fresh water	32.78	0.00	0.00	127.73
Atmospheric deposition	14.00	0.00	0.00	0.00
Total nutrients applied	146.78	100.00	100.00	127.73
Anticipated crop nutrient removal	480.00	43.20	336.00	0.00
Actual crop nutrient removal	413.08	53.62	224.41	1,541.27
Nutrient balance	-266.30	46.38	-124.41	-1,413.54
Applied to removed ratio	0.36	1.86	0.45	0.08

Fresh water applied	
58,162,522.00	*gallons*
2,141.93	*acre-inches*
37.58	*inches/acre*

Process wastewater applied	
0.00	*gallons*
0.00	*acre-inches*
0.00	*inches/acre*

Total harvests for the crop	
1	*harvests*

AJ D West - 10/28/2022: Oats, silage-soft dough

Field name: AJ D West | Crop: Oats, silage-soft dough | Plant date: 10/28/2022

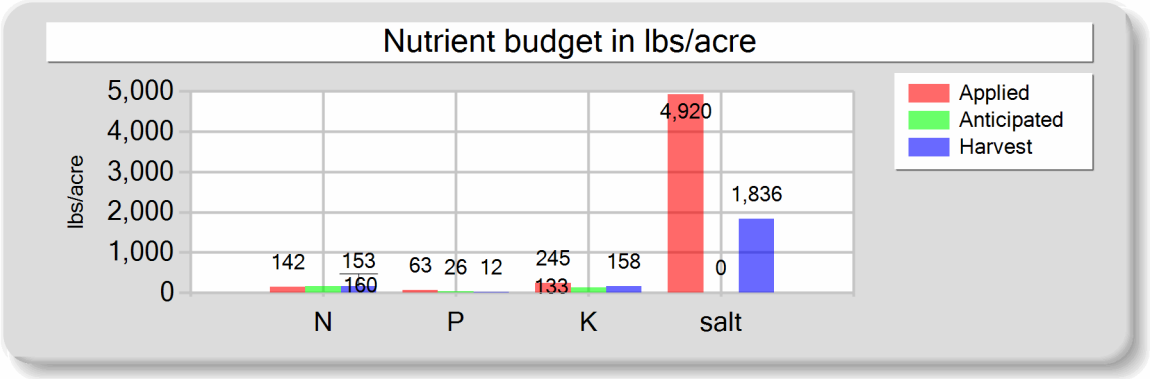

	Total N (lbs/acre)	Total P (lbs/acre)	Total K (lbs/acre)	Total salt (lbs/acre)
Existing soil nutrient content	0.00	0.00	0.00	0.00
Plowdown credit	0.00	0.00	0.00	0.00
Commercial fertilizer / Other	0.00	0.00	0.00	0.00
Dry manure	123.88	63.14	245.35	4,739.26
Process wastewater	0.00	0.00	0.00	0.00
Fresh water	10.77	0.00	0.00	181.12
Atmospheric deposition	7.00	0.00	0.00	0.00
Total nutrients applied	141.64	63.14	245.35	4,920.38
Anticipated crop nutrient removal	160.00	25.60	132.80	0.00
Actual crop nutrient removal	153.38	12.44	157.53	1,836.02
Nutrient balance	-11.74	50.70	87.83	3,084.35
Applied to removed ratio	0.92	5.08	1.56	2.68

Fresh water applied	
21,704,100.00	*gallons*
799.29	*acre-inches*
14.53	*inches/acre*

Process wastewater applied	
0.00	*gallons*
0.00	*acre-inches*
0.00	*inches/acre*

Total harvests for the crop	
1	*harvests*

AJ D West - 06/29/2023: Corn, silage

Field name: AJ D West | Crop: Corn, silage | Plant date: 06/29/2023

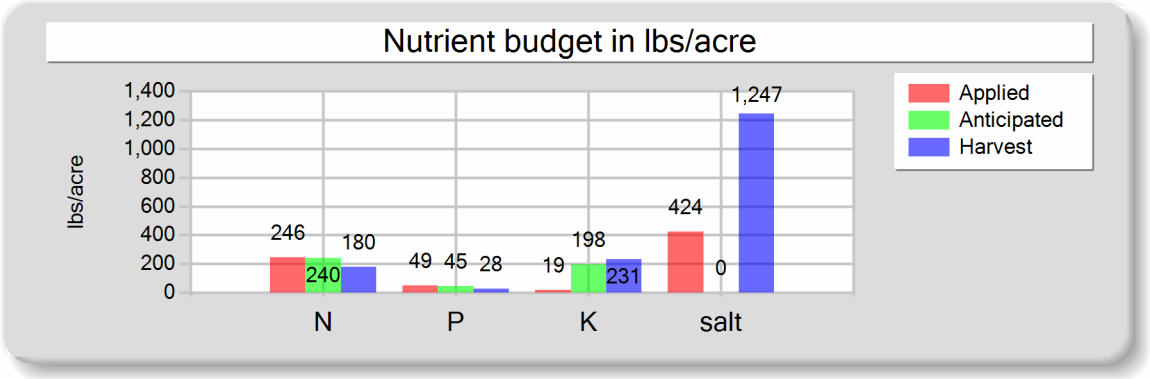

	Total N (lbs/acre)	Total P (lbs/acre)	Total K (lbs/acre)	Total salt (lbs/acre)
Existing soil nutrient content	0.00	0.00	0.00	0.00
Plowdown credit	0.00	0.00	0.00	0.00
Commercial fertilizer / Other	92.00	38.00	2.00	0.00
Dry manure	121.65	10.80	17.44	0.00
Process wastewater	0.00	0.00	0.00	0.00
Fresh water	25.21	0.00	0.00	423.97
Atmospheric deposition	7.00	0.00	0.00	0.00
Total nutrients applied	245.86	48.80	19.44	423.97
Anticipated crop nutrient removal	240.00	45.00	198.00	0.00
Actual crop nutrient removal	180.42	28.19	231.17	1,246.91
Nutrient balance	65.44	20.60	-211.73	-822.93
Applied to removed ratio	1.36	1.73	0.08	0.34

Fresh water applied	
50,805,810.00	*gallons*
1,871.01	*acre-inches*
34.02	*inches/acre*

Process wastewater applied	
0.00	*gallons*
0.00	*acre-inches*
0.00	*inches/acre*

Total harvests for the crop	
1	*harvests*

AJ R Racks - 10/26/2022: Oats, silage-soft dough

Field name: AJ R Racks | Crop: Oats, silage-soft dough | Plant date: 10/26/2022

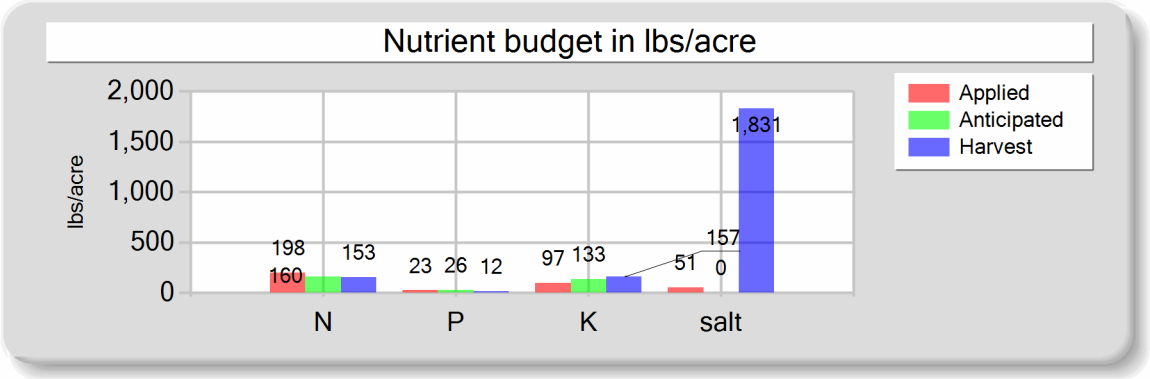

	Total N (lbs/acre)	Total P (lbs/acre)	Total K (lbs/acre)	Total salt (lbs/acre)
Existing soil nutrient content	0.00	0.00	0.00	0.00
Plowdown credit	0.00	0.00	0.00	0.00
Commercial fertilizer / Other	0.00	0.00	0.00	0.00
Dry manure	178.43	22.93	96.69	0.00
Process wastewater	0.00	0.00	0.00	0.00
Fresh water	13.01	0.00	0.00	50.71
Atmospheric deposition	7.00	0.00	0.00	0.00
Total nutrients applied	198.44	22.93	96.69	50.71
Anticipated crop nutrient removal	160.00	25.60	132.80	0.00
Actual crop nutrient removal	152.93	12.40	157.07	1,830.65
Nutrient balance	45.51	10.53	-60.38	-1,779.95
Applied to removed ratio	1.30	1.85	0.62	0.03

Fresh water applied	
24,304,760.00	*gallons*
895.06	*acre-inches*
14.92	*inches/acre*

Process wastewater applied	
0.00	*gallons*
0.00	*acre-inches*
0.00	*inches/acre*

Total harvests for the crop	
1	*harvests*

AJ R Racks - 06/30/2023: Corn, silage

Field name: AJ R Racks Crop: Corn, silage Plant date: 06/30/2023

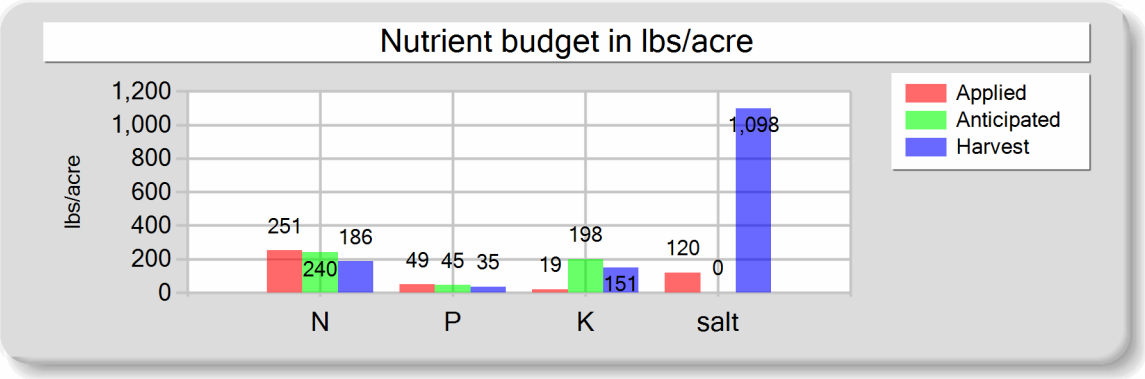

	Total N (lbs/acre)	Total P (lbs/acre)	Total K (lbs/acre)	Total salt (lbs/acre)
Existing soil nutrient content	0.00	0.00	0.00	0.00
Plowdown credit	0.00	0.00	0.00	0.00
Commercial fertilizer / Other	92.00	38.00	2.00	0.00
Dry manure	121.65	10.80	17.44	0.00
Process wastewater	0.00	0.00	0.00	0.00
Fresh water	30.79	0.00	0.00	119.96
Atmospheric deposition	7.00	0.00	0.00	0.00
Total nutrients applied	251.44	48.80	19.44	119.96
Anticipated crop nutrient removal	240.00	45.00	198.00	0.00
Actual crop nutrient removal	186.11	34.90	151.22	1,097.97
Nutrient balance	65.33	13.90	-131.78	-978.01
Applied to removed ratio	1.35	1.40	0.13	0.11

Fresh water applied	
57,499,620.00	*gallons*
2,117.52	*acre-inches*
35.29	*inches/acre*

Process wastewater applied	
0.00	*gallons*
0.00	*acre-inches*
0.00	*inches/acre*

Total harvests for the crop	
1	*harvests*

AJ South - 11/11/2022: Oats, silage-soft dough

Field name: AJ South | Crop: Oats, silage-soft dough | Plant date: 11/11/2022

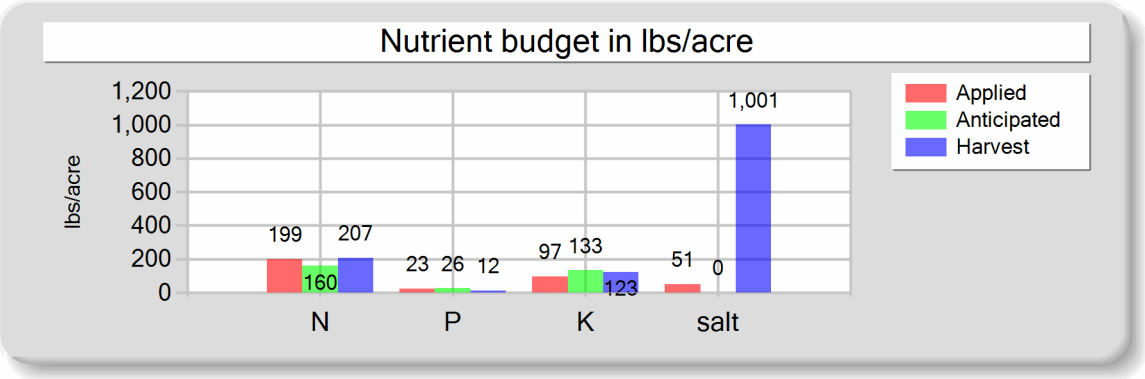

	Total N (lbs/acre)	Total P (lbs/acre)	Total K (lbs/acre)	Total salt (lbs/acre)
Existing soil nutrient content	0.00	0.00	0.00	0.00
Plowdown credit	0.00	0.00	0.00	0.00
Commercial fertilizer / Other	0.00	0.00	0.00	0.00
Dry manure	178.43	22.93	96.69	0.00
Process wastewater	0.00	0.00	0.00	0.00
Fresh water	13.11	0.00	0.00	51.09
Atmospheric deposition	7.00	0.00	0.00	0.00
Total nutrients applied	198.54	22.93	96.69	51.09
Anticipated crop nutrient removal	160.00	25.60	132.80	0.00
Actual crop nutrient removal	207.36	11.52	122.88	1,001.09
Nutrient balance	-8.82	11.41	-26.19	-950.00
Applied to removed ratio	0.96	1.99	0.79	0.05

Fresh water applied	
61,222,500.00	*gallons*
2,254.62	*acre-inches*
15.03	*inches/acre*

Process wastewater applied	
0.00	*gallons*
0.00	*acre-inches*
0.00	*inches/acre*

Total harvests for the crop	
1	*harvests*

AJ South - 06/05/2023: Corn, silage

Field name: AJ South | Crop: Corn, silage | Plant date: 06/05/2023

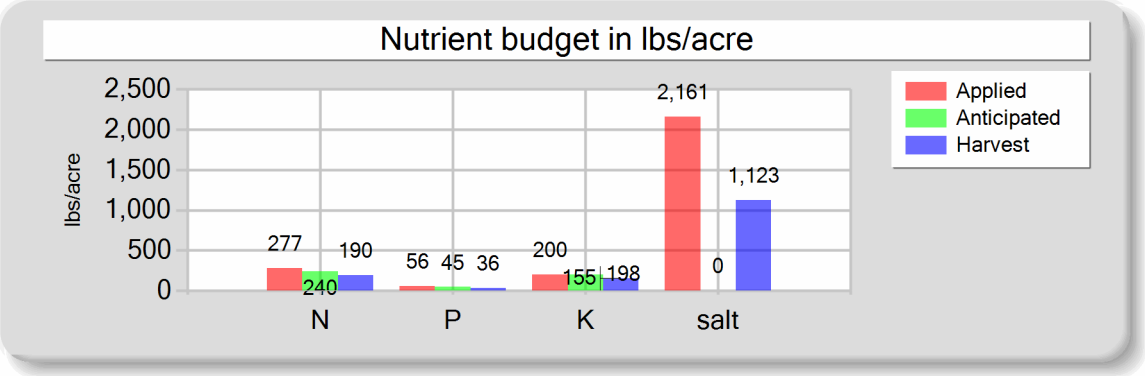

	Total N (lbs/acre)	Total P (lbs/acre)	Total K (lbs/acre)	Total salt (lbs/acre)
Existing soil nutrient content	0.00	0.00	0.00	0.00
Plowdown credit	0.00	0.00	0.00	0.00
Commercial fertilizer / Other	92.00	38.00	2.00	0.00
Dry manure	0.00	0.00	0.00	0.00
Process wastewater	147.43	18.48	197.82	2,040.38
Fresh water	31.07	0.00	0.00	121.04
Atmospheric deposition	7.00	0.00	0.00	0.00
Total nutrients applied	277.50	56.48	199.82	2,161.42
Anticipated crop nutrient removal	240.00	45.00	198.00	0.00
Actual crop nutrient removal	190.34	35.69	154.65	1,122.89
Nutrient balance	87.16	20.79	45.17	1,038.53
Applied to removed ratio	1.46	1.58	1.29	1.92

Fresh water applied	
145,039,950.00	*gallons*
5,341.33	*acre-inches*
35.61	*inches/acre*

Process wastewater applied	
4,522,830.00	*gallons*
166.56	*acre-inches*
1.11	*inches/acre*

Total harvests for the crop	
1	*harvests*

Big Bottom - 01/01/2023: Alfalfa, hay

Field name: Big Bottom Crop: Alfalfa, hay Plant date: 01/01/2023

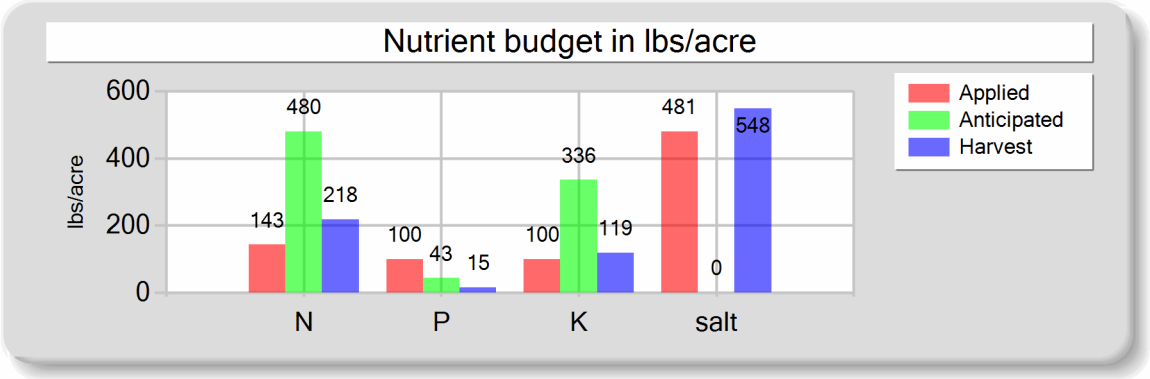

	Total N (lbs/acre)	Total P (lbs/acre)	Total K (lbs/acre)	Total salt (lbs/acre)
Existing soil nutrient content	0.00	0.00	0.00	0.00
Plowdown credit	0.00	0.00	0.00	0.00
Commercial fertilizer / Other	100.00	100.00	100.00	0.00
Dry manure	0.00	0.00	0.00	0.00
Process wastewater	0.00	0.00	0.00	0.00
Fresh water	28.58	0.00	0.00	480.75
Atmospheric deposition	14.00	0.00	0.00	0.00
Total nutrients applied	142.58	100.00	100.00	480.75
Anticipated crop nutrient removal	480.00	43.20	336.00	0.00
Actual crop nutrient removal	217.67	14.87	118.98	548.17
Nutrient balance	-75.09	85.13	-18.98	-67.42
Applied to removed ratio	0.66	6.72	0.84	0.88

Fresh water applied	
125,692,170.00	*gallons*
4,628.82	*acre-inches*
38.57	*inches/acre*

Process wastewater applied	
0.00	*gallons*
0.00	*acre-inches*
0.00	*inches/acre*

Total harvests for the crop	
1	*harvests*

Borges - 01/01/2023: Almond, in shell

Field name: Borges | Crop: Almond, in shell | Plant date: 01/01/2023

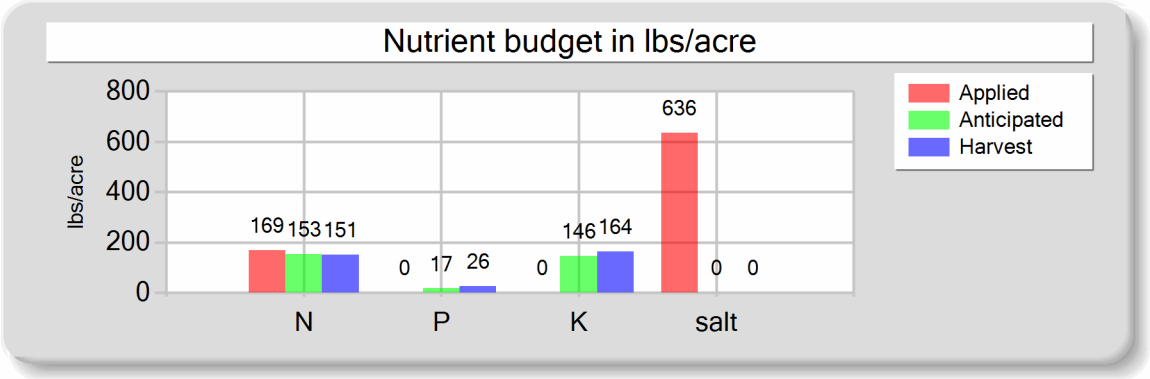

	Total N (lbs/acre)	Total P (lbs/acre)	Total K (lbs/acre)	Total salt (lbs/acre)
Existing soil nutrient content	0.00	0.00	0.00	0.00
Plowdown credit	0.00	0.00	0.00	0.00
Commercial fertilizer / Other	126.75	0.00	0.00	0.00
Dry manure	0.00	0.00	0.00	0.00
Process wastewater	0.00	0.00	0.00	0.00
Fresh water	28.45	0.00	0.00	635.59
Atmospheric deposition	14.00	0.00	0.00	0.00
Total nutrients applied	169.20	0.00	0.00	635.59
Anticipated crop nutrient removal	152.80	16.80	146.40	0.00
Actual crop nutrient removal	151.02	25.56	163.80	0.00
Nutrient balance	18.19	-25.56	-163.80	635.59
Applied to removed ratio	1.12	0.00	0.00	0.00

Fresh water applied	
35,152,706.00	*gallons*
1,294.55	*acre-inches*
43.15	*inches/acre*

Process wastewater applied	
0.00	*gallons*
0.00	*acre-inches*
0.00	*inches/acre*

Total harvests for the crop	
1	*harvests*

Fremont - 10/27/2022: Oats, silage-soft dough

Field name: Fremont | Crop: Oats, silage-soft dough | Plant date: 10/27/2022

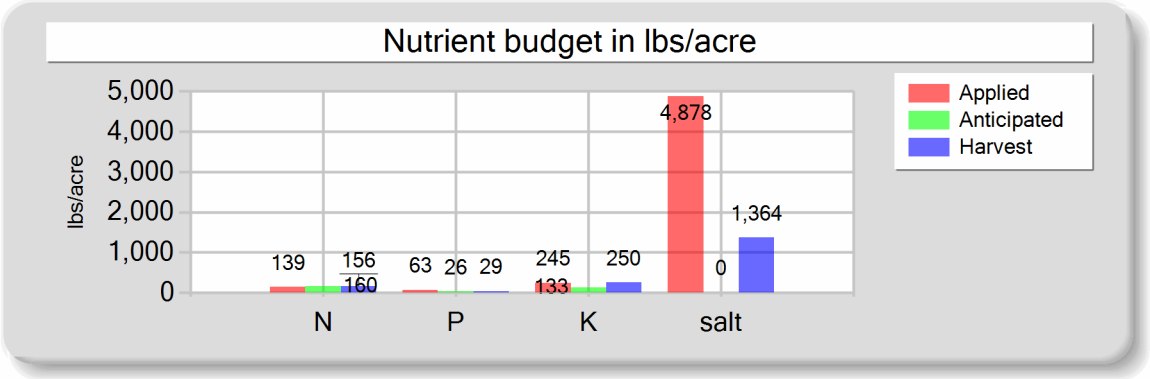

	Total N (lbs/acre)	Total P (lbs/acre)	Total K (lbs/acre)	Total salt (lbs/acre)
Existing soil nutrient content	0.00	0.00	0.00	0.00
Plowdown credit	0.00	0.00	0.00	0.00
Commercial fertilizer / Other	0.00	0.00	0.00	0.00
Dry manure	123.88	63.14	245.35	4,739.26
Process wastewater	0.00	0.00	0.00	0.00
Fresh water	8.25	0.00	0.00	138.78
Atmospheric deposition	7.00	0.00	0.00	0.00
Total nutrients applied	139.13	63.14	245.35	4,878.03
Anticipated crop nutrient removal	160.00	25.60	132.80	0.00
Actual crop nutrient removal	155.80	28.70	250.10	1,364.23
Nutrient balance	-16.67	34.44	-4.75	3,513.80
Applied to removed ratio	0.89	2.20	0.98	3.58

Fresh water applied	
42,330,260.00	*gallons*
1,558.88	*acre-inches*
11.13	*inches/acre*

Process wastewater applied	
0.00	*gallons*
0.00	*acre-inches*
0.00	*inches/acre*

Total harvests for the crop	
1	*harvests*

Fremont - 05/31/2023: Corn, silage

Field name: Fremont Crop: Corn, silage Plant date: 05/31/2023

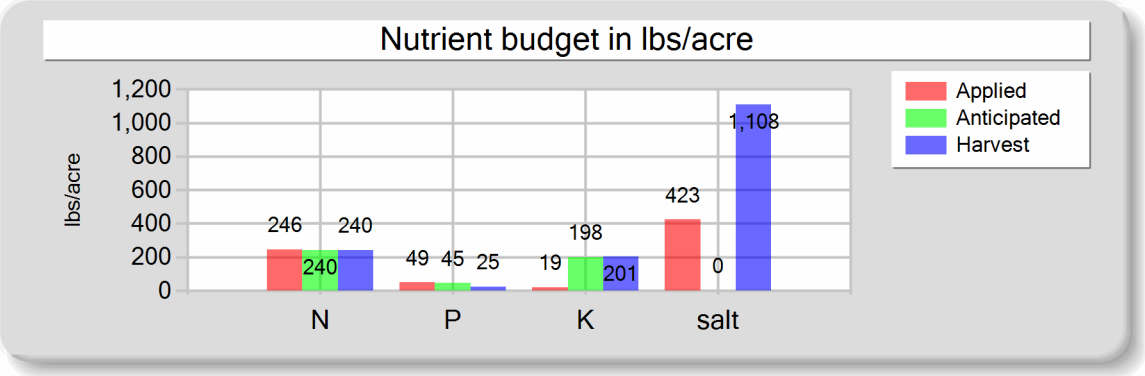

	Total N (lbs/acre)	Total P (lbs/acre)	Total K (lbs/acre)	Total salt (lbs/acre)
Existing soil nutrient content	0.00	0.00	0.00	0.00
Plowdown credit	0.00	0.00	0.00	0.00
Commercial fertilizer / Other	92.00	38.00	2.00	0.00
Dry manure	121.65	10.80	17.44	0.00
Process wastewater	0.00	0.00	0.00	0.00
Fresh water	25.15	0.00	0.00	422.94
Atmospheric deposition	7.00	0.00	0.00	0.00
Total nutrients applied	245.80	48.80	19.44	422.94
Anticipated crop nutrient removal	240.00	45.00	198.00	0.00
Actual crop nutrient removal	240.38	24.53	201.13	1,108.20
Nutrient balance	5.42	24.27	-181.70	-685.26
Applied to removed ratio	1.02	1.99	0.10	0.38

Fresh water applied	
129,007,760.00	*gallons*
4,750.92	*acre-inches*
33.94	*inches/acre*

Process wastewater applied	
0.00	*gallons*
0.00	*acre-inches*
0.00	*inches/acre*

Total harvests for the crop	
1	*harvests*

Gette 3 - 10/19/2022: Oats, silage-soft dough

Field name: Gette 3 Crop: Oats, silage-soft dough Plant date: 10/19/2022

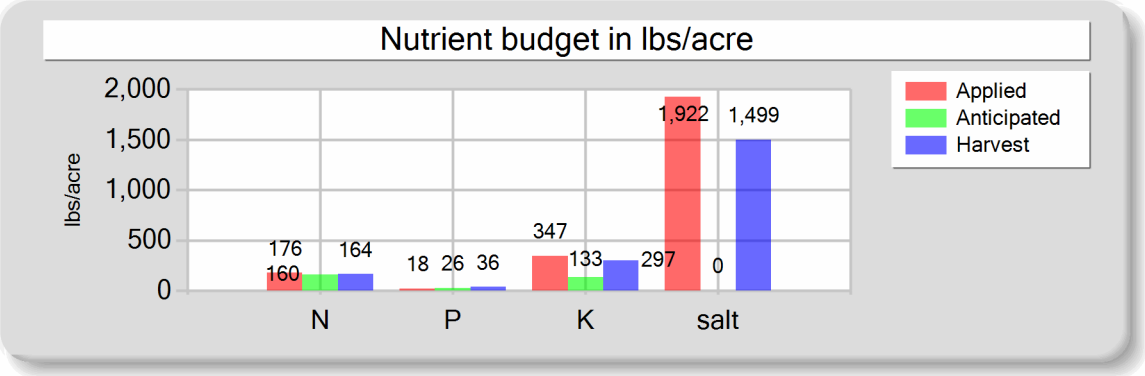

	Total N (lbs/acre)	Total P (lbs/acre)	Total K (lbs/acre)	Total salt (lbs/acre)
Existing soil nutrient content	0.00	0.00	0.00	0.00
Plowdown credit	0.00	0.00	0.00	0.00
Commercial fertilizer / Other	0.00	0.00	0.00	0.00
Dry manure	0.00	0.00	0.00	0.00
Process wastewater	155.53	17.90	347.06	1,870.29
Fresh water	13.32	0.00	0.00	51.89
Atmospheric deposition	7.00	0.00	0.00	0.00
Total nutrients applied	175.85	17.90	347.06	1,922.17
Anticipated crop nutrient removal	160.00	25.60	132.80	0.00
Actual crop nutrient removal	164.24	35.51	297.41	1,498.92
Nutrient balance	11.61	-17.61	49.65	423.25
Applied to removed ratio	1.07	0.50	1.17	1.28

Fresh water applied	
14,922,000.00	*gallons*
549.53	*acre-inches*
15.26	*inches/acre*

Process wastewater applied	
1,632,499.00	*gallons*
60.12	*acre-inches*
1.67	*inches/acre*

Total harvests for the crop	
1	*harvests*

Gette 3 - 07/01/2023: Corn, silage

Field name: Gette 3 Crop: Corn, silage Plant date: 07/01/2023

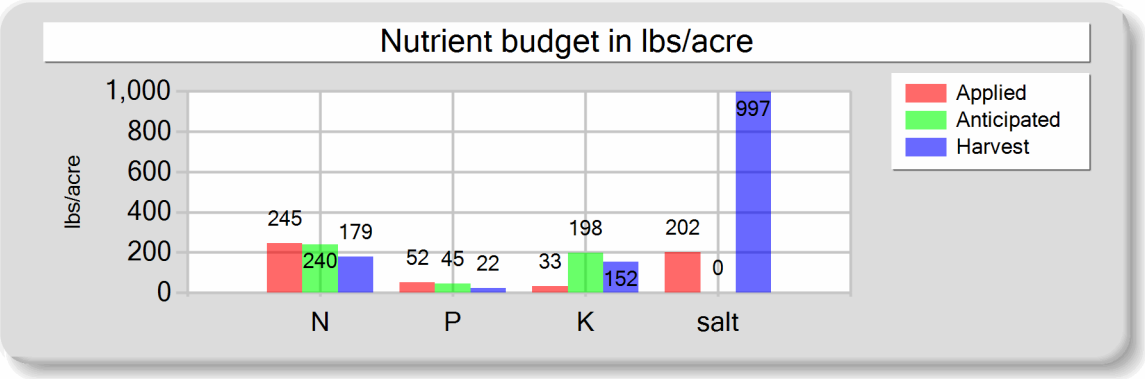

	Total N (lbs/acre)	Total P (lbs/acre)	Total K (lbs/acre)	Total salt (lbs/acre)
Existing soil nutrient content	0.00	0.00	0.00	0.00
Plowdown credit	0.00	0.00	0.00	0.00
Commercial fertilizer / Other	92.00	38.00	2.00	0.00
Dry manure	0.00	0.00	0.00	0.00
Process wastewater	116.00	14.44	31.46	83.45
Fresh water	30.50	0.00	0.00	118.84
Atmospheric deposition	7.00	0.00	0.00	0.00
Total nutrients applied	245.50	52.44	33.46	202.29
Anticipated crop nutrient removal	240.00	45.00	198.00	0.00
Actual crop nutrient removal	178.75	21.67	151.67	996.71
Nutrient balance	66.75	30.77	-118.21	-794.42
Applied to removed ratio	1.37	2.42	0.22	0.20

Fresh water applied	
34,178,760.00	*gallons*
1,258.69	*acre-inches*
34.96	*inches/acre*

Process wastewater applied	
360,000.00	*gallons*
13.26	*acre-inches*
0.37	*inches/acre*

Total harvests for the crop	
1	*harvests*

Gette 4 - 10/20/2022: Oats, silage-soft dough

Field name: Gette 4 Crop: Oats, silage-soft dough Plant date: 10/20/2022

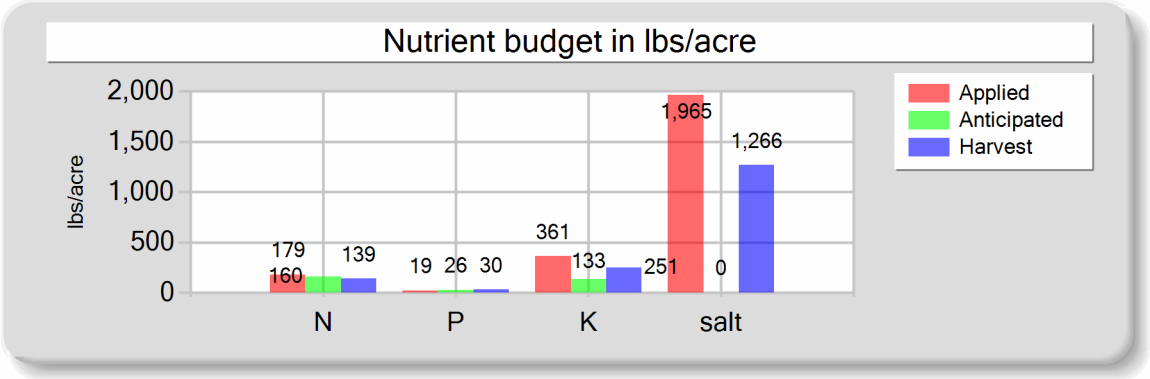

	Total N (lbs/acre)	Total P (lbs/acre)	Total K (lbs/acre)	Total salt (lbs/acre)
Existing soil nutrient content	0.00	0.00	0.00	0.00
Plowdown credit	0.00	0.00	0.00	0.00
Commercial fertilizer / Other	0.00	0.00	0.00	0.00
Dry manure	0.00	0.00	0.00	0.00
Process wastewater	158.14	18.98	361.32	1,912.37
Fresh water	13.56	0.00	0.00	52.83
Atmospheric deposition	7.00	0.00	0.00	0.00
Total nutrients applied	178.70	18.98	361.32	1,965.19
Anticipated crop nutrient removal	160.00	25.60	132.80	0.00
Actual crop nutrient removal	138.67	29.98	251.10	1,265.57
Nutrient balance	40.03	-11.00	110.22	699.63
Applied to removed ratio	1.29	0.63	1.44	1.55

Fresh water applied	
19,412,598.00	*gallons*
714.90	*acre-inches*
15.54	*inches/acre*

Process wastewater applied	
2,161,296.00	*gallons*
79.59	*acre-inches*
1.73	*inches/acre*

Total harvests for the crop	
1	*harvests*

Gette 4 - 06/30/2023: Corn, silage

Field name: Gette 4 Crop: Corn, silage Plant date: 06/30/2023

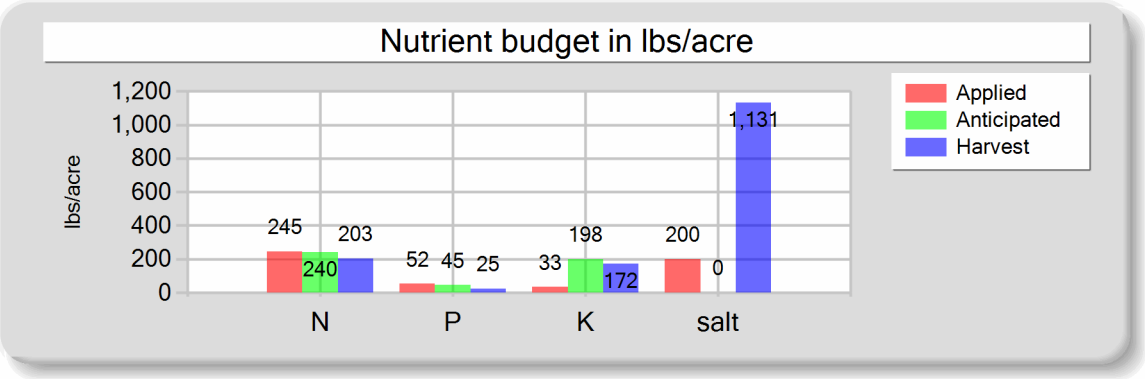

	Total N (lbs/acre)	Total P (lbs/acre)	Total K (lbs/acre)	Total salt (lbs/acre)
Existing soil nutrient content	0.00	0.00	0.00	0.00
Plowdown credit	0.00	0.00	0.00	0.00
Commercial fertilizer / Other	92.00	38.00	2.00	0.00
Dry manure	0.00	0.00	0.00	0.00
Process wastewater	116.00	14.44	31.46	83.45
Fresh water	29.98	0.00	0.00	116.81
Atmospheric deposition	7.00	0.00	0.00	0.00
Total nutrients applied	244.98	52.44	33.46	200.26
Anticipated crop nutrient removal	240.00	45.00	198.00	0.00
Actual crop nutrient removal	202.88	24.59	172.14	1,131.25
Nutrient balance	42.10	27.85	-138.68	-930.99
Applied to removed ratio	1.21	2.13	0.19	0.18

Fresh water applied	
42,925,176.00	*gallons*
1,580.79	*acre-inches*
34.36	*inches/acre*

Process wastewater applied	
460,000.00	*gallons*
16.94	*acre-inches*
0.37	*inches/acre*

Total harvests for the crop	
1	*harvests*

Hatfield Ranch - 01/01/2023: Almond, in shell

Field name: Hatfield Ranch Crop: Almond, in shell Plant date: 01/01/2023

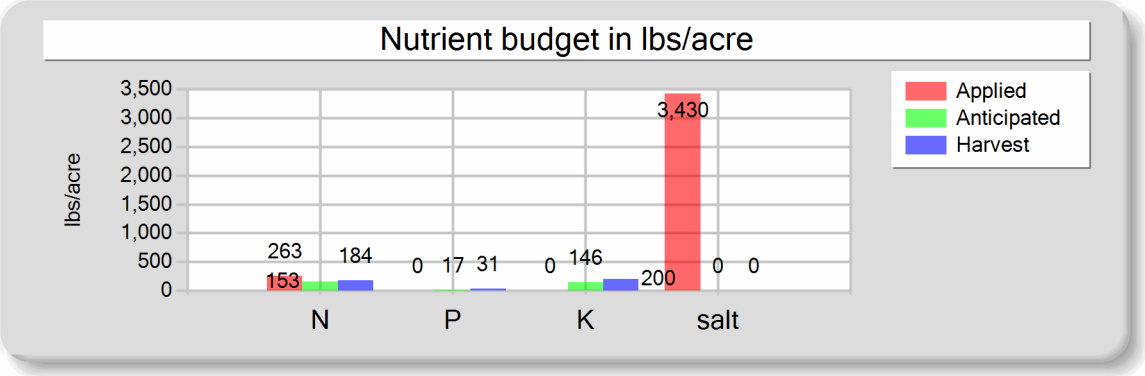

	Total N (lbs/acre)	Total P (lbs/acre)	Total K (lbs/acre)	Total salt (lbs/acre)
Existing soil nutrient content	0.00	0.00	0.00	0.00
Plowdown credit	0.00	0.00	0.00	0.00
Commercial fertilizer / Other	126.75	0.00	0.00	0.00
Dry manure	0.00	0.00	0.00	0.00
Process wastewater	0.00	0.00	0.00	0.00
Fresh water	121.85	0.00	0.00	3,429.97
Atmospheric deposition	14.00	0.00	0.00	0.00
Total nutrients applied	262.60	0.00	0.00	3,429.97
Anticipated crop nutrient removal	152.80	16.80	146.40	0.00
Actual crop nutrient removal	184.20	31.17	199.78	0.00
Nutrient balance	78.41	-31.17	-199.78	3,429.97
Applied to removed ratio	1.43	0.00	0.00	0.00

Fresh water applied	
236,877,864.00	*gallons*
8,723.41	*acre-inches*
39.83	*inches/acre*

Process wastewater applied	
0.00	*gallons*
0.00	*acre-inches*
0.00	*inches/acre*

Total harvests for the crop	
1	*harvests*

Hawkins Ranch - 01/01/2023: Almond, in shell

Field name: Hawkins Ranch Crop: Almond, in shell Plant date: 01/01/2023

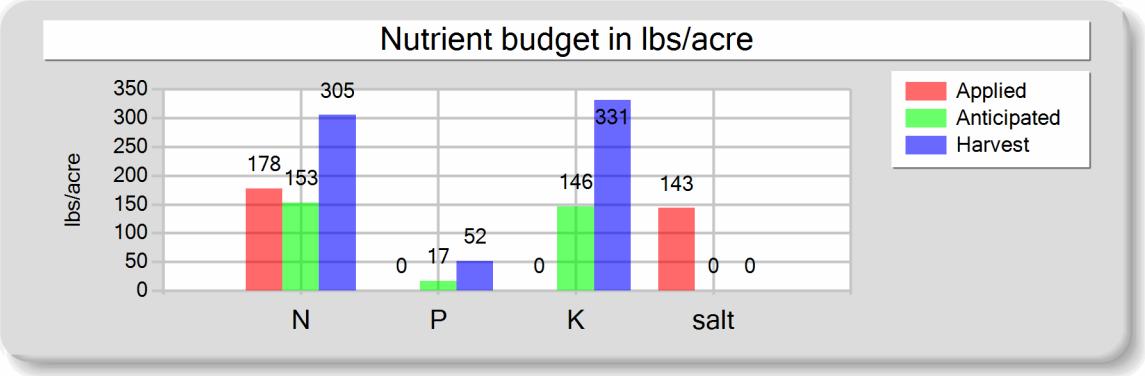

	Total N (lbs/acre)	Total P (lbs/acre)	Total K (lbs/acre)	Total salt (lbs/acre)
Existing soil nutrient content	0.00	0.00	0.00	0.00
Plowdown credit	0.00	0.00	0.00	0.00
Commercial fertilizer / Other	126.75	0.00	0.00	0.00
Dry manure	0.00	0.00	0.00	0.00
Process wastewater	0.00	0.00	0.00	0.00
Fresh water	36.81	0.00	0.00	143.40
Atmospheric deposition	14.00	0.00	0.00	0.00
Total nutrients applied	177.56	0.00	0.00	143.40
Anticipated crop nutrient removal	152.80	16.80	146.40	0.00
Actual crop nutrient removal	305.16	51.64	330.98	0.00
Nutrient balance	-127.61	-51.64	-330.98	143.40
Applied to removed ratio	0.58	0.00	0.00	0.00

Fresh water applied	
290,980,511.00	*gallons*
10,715.82	*acre-inches*
42.19	*inches/acre*

Process wastewater applied	
0.00	*gallons*
0.00	*acre-inches*
0.00	*inches/acre*

Total harvests for the crop	
1	*harvests*

Home Ranch - 01/01/2023: Almond, in shell

Field name: Home Ranch Crop: Almond, in shell Plant date: 01/01/2023

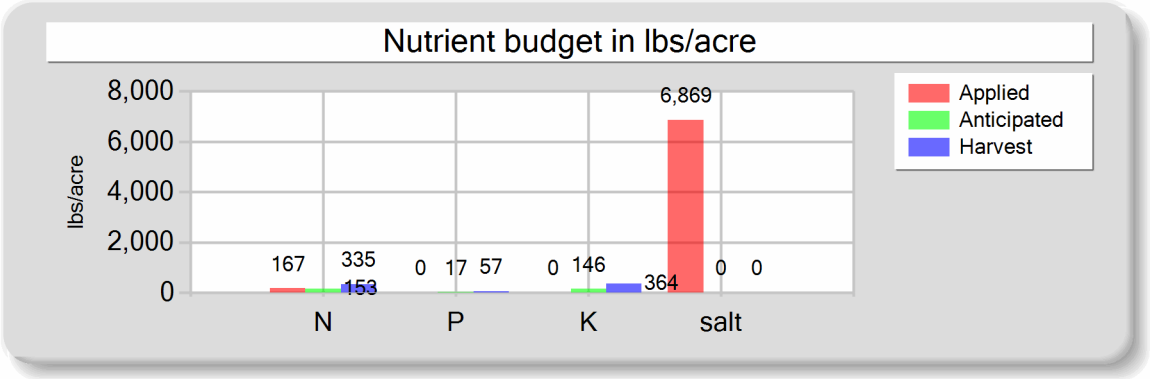

	Total N (lbs/acre)	Total P (lbs/acre)	Total K (lbs/acre)	Total salt (lbs/acre)
Existing soil nutrient content	0.00	0.00	0.00	0.00
Plowdown credit	0.00	0.00	0.00	0.00
Commercial fertilizer / Other	126.75	0.00	0.00	0.00
Dry manure	0.00	0.00	0.00	0.00
Process wastewater	0.00	0.00	0.00	0.00
Fresh water	26.45	0.00	0.00	6,869.06
Atmospheric deposition	14.00	0.00	0.00	0.00
Total nutrients applied	167.20	0.00	0.00	6,869.06
Anticipated crop nutrient removal	152.80	16.80	146.40	0.00
Actual crop nutrient removal	335.36	56.75	363.74	0.00
Nutrient balance	-168.16	-56.75	-363.74	6,869.06
Applied to removed ratio	0.50	0.00	0.00	0.00

Fresh water applied	
506,199,753.00	*gallons*
18,641.62	*acre-inches*
41.24	*inches/acre*

Process wastewater applied	
0.00	*gallons*
0.00	*acre-inches*
0.00	*inches/acre*

Total harvests for the crop	
1	*harvests*

Judith - 01/01/2023: Alfalfa, hay

Field name: Judith Crop: Alfalfa, hay Plant date: 01/01/2023

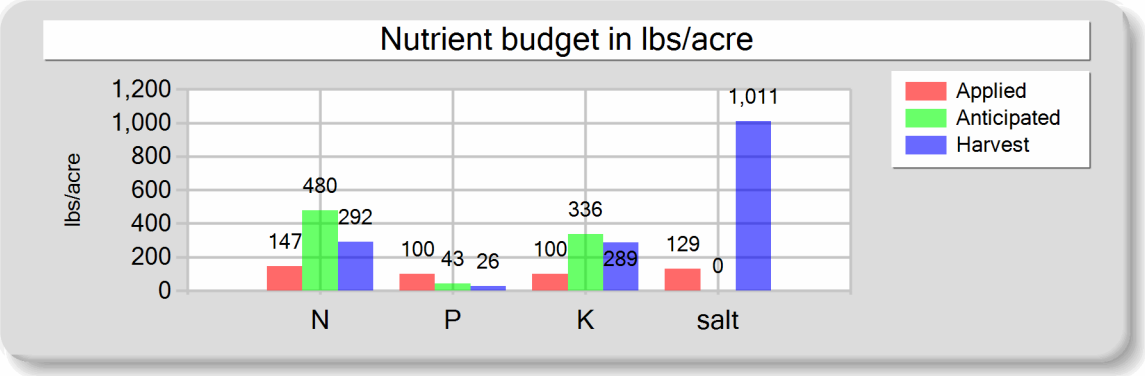

	Total N (lbs/acre)	Total P (lbs/acre)	Total K (lbs/acre)	Total salt (lbs/acre)
Existing soil nutrient content	0.00	0.00	0.00	0.00
Plowdown credit	0.00	0.00	0.00	0.00
Commercial fertilizer / Other	100.00	100.00	100.00	0.00
Dry manure	0.00	0.00	0.00	0.00
Process wastewater	0.00	0.00	0.00	0.00
Fresh water	33.23	0.00	0.00	129.45
Atmospheric deposition	14.00	0.00	0.00	0.00
Total nutrients applied	147.23	100.00	100.00	129.45
Anticipated crop nutrient removal	480.00	43.20	336.00	0.00
Actual crop nutrient removal	291.59	25.96	288.60	1,010.90
Nutrient balance	-144.37	74.04	-188.60	-881.45
Applied to removed ratio	0.50	3.85	0.35	0.13

Fresh water applied	
147,884,857.00	*gallons*
5,446.10	*acre-inches*
38.08	*inches/acre*

Process wastewater applied	
0.00	*gallons*
0.00	*acre-inches*
0.00	*inches/acre*

Total harvests for the crop	
1	*harvests*

NW Pike - 11/25/2022: Oats, silage-soft dough

Field name: NW Pike Crop: Oats, silage-soft dough Plant date: 11/25/2022

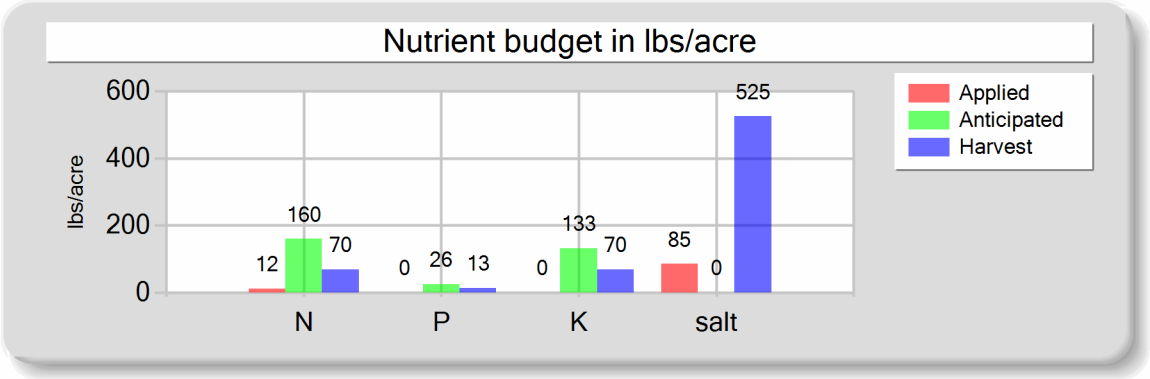

	Total N (lbs/acre)	Total P (lbs/acre)	Total K (lbs/acre)	Total salt (lbs/acre)
Existing soil nutrient content	0.00	0.00	0.00	0.00
Plowdown credit	0.00	0.00	0.00	0.00
Commercial fertilizer / Other	0.00	0.00	0.00	0.00
Dry manure	0.00	0.00	0.00	0.00
Process wastewater	0.00	0.00	0.00	0.00
Fresh water	5.07	0.00	0.00	85.36
Atmospheric deposition	7.00	0.00	0.00	0.00
Total nutrients applied	12.07	0.00	0.00	85.36
Anticipated crop nutrient removal	160.00	25.60	132.80	0.00
Actual crop nutrient removal	69.64	13.17	69.64	525.36
Nutrient balance	-57.56	-13.17	-69.64	-440.01
Applied to removed ratio	0.17	0.00	0.00	0.16

Fresh water applied	
17,667,113.00	*gallons*
650.62	*acre-inches*
6.85	*inches/acre*

Process wastewater applied	
0.00	*gallons*
0.00	*acre-inches*
0.00	*inches/acre*

Total harvests for the crop	
1	*harvests*

NW Pike - 07/11/2023: Corn, silage

Field name: NW Pike Crop: Corn, silage Plant date: 07/11/2023

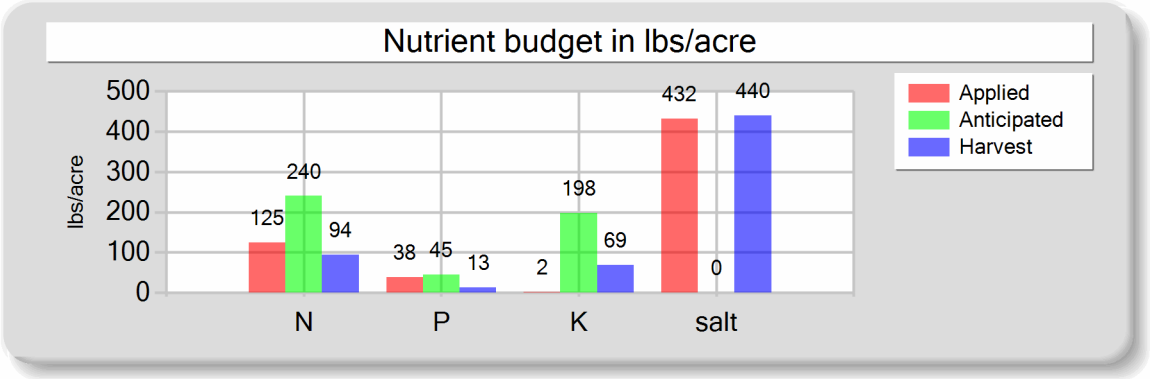

	Total N (lbs/acre)	Total P (lbs/acre)	Total K (lbs/acre)	Total salt (lbs/acre)
Existing soil nutrient content	0.00	0.00	0.00	0.00
Plowdown credit	0.00	0.00	0.00	0.00
Commercial fertilizer / Other	92.00	38.00	2.00	0.00
Dry manure	0.00	0.00	0.00	0.00
Process wastewater	0.00	0.00	0.00	0.00
Fresh water	25.68	0.00	0.00	431.97
Atmospheric deposition	7.00	0.00	0.00	0.00
Total nutrients applied	124.68	38.00	2.00	431.97
Anticipated crop nutrient removal	240.00	45.00	198.00	0.00
Actual crop nutrient removal	93.94	12.69	68.55	439.64
Nutrient balance	30.74	25.31	-66.55	-7.67
Applied to removed ratio	1.33	2.99	0.03	0.98

Fresh water applied	
89,410,865.00	*gallons*
3,292.70	*acre-inches*
34.66	*inches/acre*

Process wastewater applied	
0.00	*gallons*
0.00	*acre-inches*
0.00	*inches/acre*

Total harvests for the crop	
1	*harvests*

Purdy Carry - 11/25/2022: Oats, silage-soft dough

Field name: Purdy Carry | Crop: Oats, silage-soft dough | Plant date: 11/25/2022

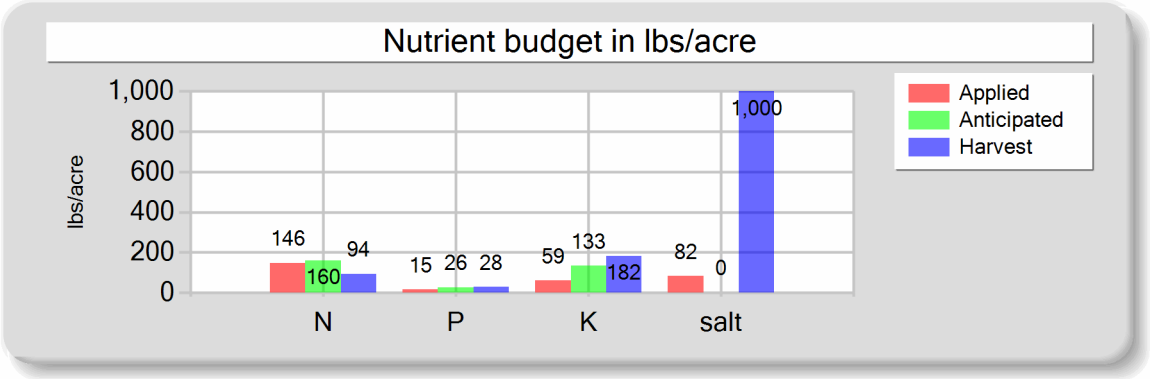

	Total N (lbs/acre)	Total P (lbs/acre)	Total K (lbs/acre)	Total salt (lbs/acre)
Existing soil nutrient content	0.00	0.00	0.00	0.00
Plowdown credit	0.00	0.00	0.00	0.00
Commercial fertilizer / Other	0.00	0.00	0.00	0.00
Dry manure	127.04	15.04	59.34	0.00
Process wastewater	0.00	0.00	0.00	0.00
Fresh water	4.85	0.00	0.00	81.63
Atmospheric deposition	14.00	0.00	0.00	0.00
Total nutrients applied	145.89	15.04	59.34	81.63
Anticipated crop nutrient removal	160.00	25.60	132.80	0.00
Actual crop nutrient removal	93.88	27.61	182.25	999.55
Nutrient balance	52.01	-12.57	-122.90	-917.93
Applied to removed ratio	1.55	0.54	0.33	0.08

Fresh water applied	
27,565,975.00	*gallons*
1,015.16	*acre-inches*
6.55	*inches/acre*

Process wastewater applied	
0.00	*gallons*
0.00	*acre-inches*
0.00	*inches/acre*

Total harvests for the crop	
1	*harvests*

RRD Ranch - 01/01/2023: Almond, in shell

Field name: RRD Ranch Crop: Almond, in shell Plant date: 01/01/2023

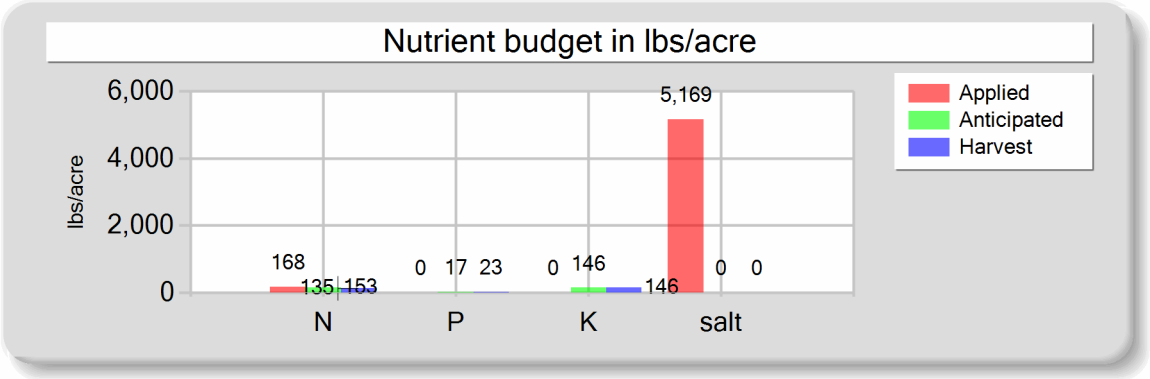

	Total N (lbs/acre)	Total P (lbs/acre)	Total K (lbs/acre)	Total salt (lbs/acre)
Existing soil nutrient content	0.00	0.00	0.00	0.00
Plowdown credit	0.00	0.00	0.00	0.00
Commercial fertilizer / Other	126.75	0.00	0.00	0.00
Dry manure	0.00	0.00	0.00	0.00
Process wastewater	0.00	0.00	0.00	0.00
Fresh water	27.20	0.00	0.00	5,169.39
Atmospheric deposition	14.00	0.00	0.00	0.00
Total nutrients applied	167.95	0.00	0.00	5,169.39
Anticipated crop nutrient removal	152.80	16.80	146.40	0.00
Actual crop nutrient removal	134.73	22.80	146.13	0.00
Nutrient balance	33.22	-22.80	-146.13	5,169.39
Applied to removed ratio	1.25	0.00	0.00	0.00

Fresh water applied	
318,100,793.00	*gallons*
11,714.57	*acre-inches*
41.10	*inches/acre*

Process wastewater applied	
0.00	*gallons*
0.00	*acre-inches*
0.00	*inches/acre*

Total harvests for the crop	
1	*harvests*

Telegraph AJ - 10/06/2022: Rye Grass Silage

Field name: Telegraph AJ Crop: Rye Grass Silage Plant date: 10/06/2022

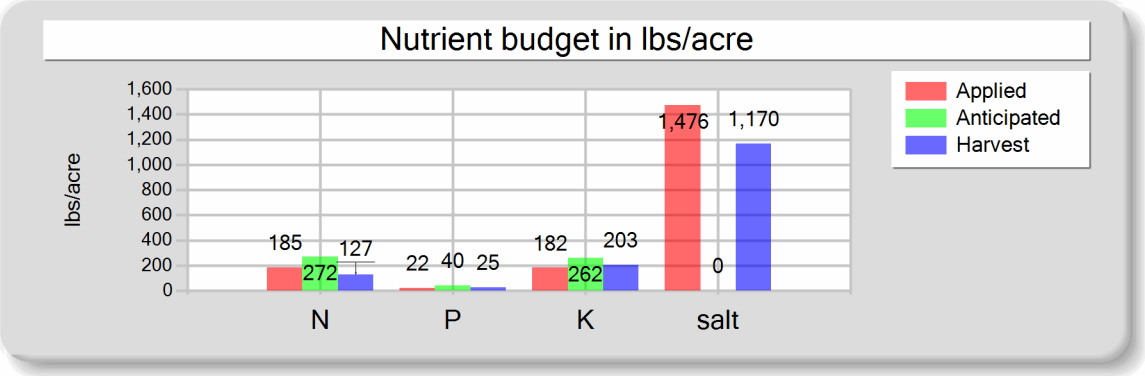

	Total N (lbs/acre)	Total P (lbs/acre)	Total K (lbs/acre)	Total salt (lbs/acre)
Existing soil nutrient content	0.00	0.00	0.00	0.00
Plowdown credit	0.00	0.00	0.00	0.00
Commercial fertilizer / Other	0.00	0.00	0.00	0.00
Dry manure	0.00	0.00	0.00	0.00
Process wastewater	164.17	21.74	182.22	1,423.38
Fresh water	13.50	0.00	0.00	52.61
Atmospheric deposition	7.00	0.00	0.00	0.00
Total nutrients applied	184.67	21.74	182.22	1,475.99
Anticipated crop nutrient removal	272.00	40.00	262.40	0.00
Actual crop nutrient removal	126.91	25.38	203.05	1,169.59
Nutrient balance	57.76	-3.64	-20.84	306.39
Applied to removed ratio	1.46	0.86	0.90	1.26

Fresh water applied	
32,362,484.00	*gallons*
1,191.80	*acre-inches*
15.48	*inches/acre*

Process wastewater applied	
2,085,874.00	*gallons*
76.82	*acre-inches*
1.00	*inches/acre*

Total harvests for the crop	
1	*harvests*

Telegraph AJ - 07/06/2023: Corn, silage

Field name: Telegraph AJ Crop: Corn, silage Plant date: 07/06/2023

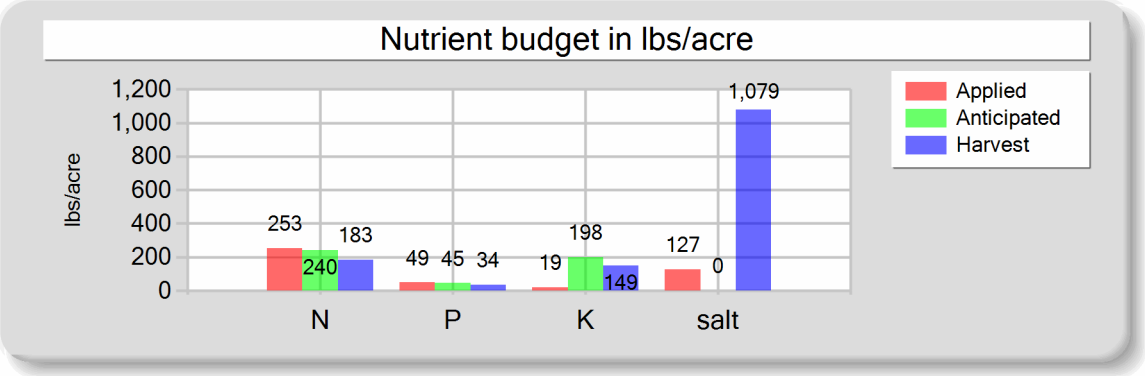

	Total N (lbs/acre)	Total P (lbs/acre)	Total K (lbs/acre)	Total salt (lbs/acre)
Existing soil nutrient content	0.00	0.00	0.00	0.00
Plowdown credit	0.00	0.00	0.00	0.00
Commercial fertilizer / Other	92.00	38.00	2.00	0.00
Dry manure	121.65	10.80	17.44	0.00
Process wastewater	0.00	0.00	0.00	0.00
Fresh water	32.57	0.00	0.00	126.89
Atmospheric deposition	7.00	0.00	0.00	0.00
Total nutrients applied	253.22	48.80	19.44	126.89
Anticipated crop nutrient removal	240.00	45.00	198.00	0.00
Actual crop nutrient removal	182.82	34.28	148.54	1,078.52
Nutrient balance	70.41	14.52	-129.10	-951.63
Applied to removed ratio	1.39	1.42	0.13	0.12

Fresh water applied	
78,054,435.00	*gallons*
2,874.48	*acre-inches*
37.33	*inches/acre*

Process wastewater applied	
0.00	*gallons*
0.00	*acre-inches*
0.00	*inches/acre*

Total harvests for the crop	
1	*harvests*

Van Ranch - 10/06/2022: Oats, silage-soft dough

Field name: Van Ranch | Crop: Oats, silage-soft dough | Plant date: 10/06/2022

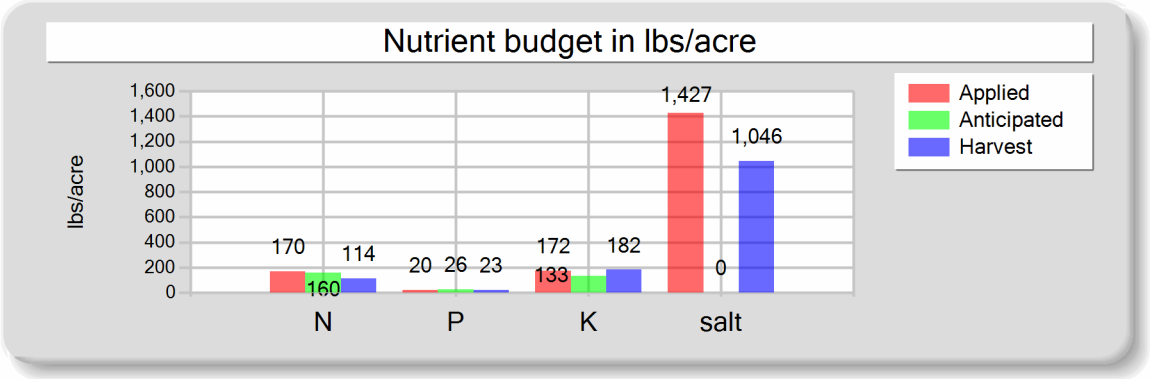

	Total N (lbs/acre)	Total P (lbs/acre)	Total K (lbs/acre)	Total salt (lbs/acre)
Existing soil nutrient content	0.00	0.00	0.00	0.00
Plowdown credit	0.00	0.00	0.00	0.00
Commercial fertilizer / Other	0.00	0.00	0.00	0.00
Dry manure	0.00	0.00	0.00	0.00
Process wastewater	152.58	19.76	172.20	1,385.33
Fresh water	10.60	0.00	0.00	41.30
Atmospheric deposition	7.00	0.00	0.00	0.00
Total nutrients applied	170.18	19.76	172.20	1,426.63
Anticipated crop nutrient removal	160.00	25.60	132.80	0.00
Actual crop nutrient removal	113.54	22.71	181.66	1,046.38
Nutrient balance	56.64	-2.95	-9.46	380.25
Applied to removed ratio	1.50	0.87	0.95	1.36

Fresh water applied	
16,495,576.00	*gallons*
607.48	*acre-inches*
12.15	*inches/acre*

Process wastewater applied	
1,285,064.00	*gallons*
47.32	*acre-inches*
0.95	*inches/acre*

Total harvests for the crop	
1	*harvests*

Van Ranch - 06/28/2023: Corn, silage

Field name: Van Ranch Crop: Corn, silage Plant date: 06/28/2023

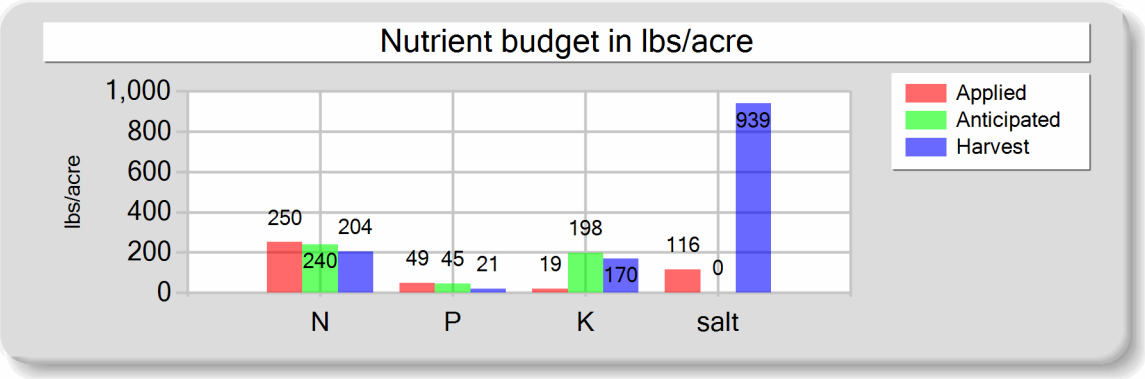

	Total N (lbs/acre)	Total P (lbs/acre)	Total K (lbs/acre)	Total salt (lbs/acre)
Existing soil nutrient content	0.00	0.00	0.00	0.00
Plowdown credit	0.00	0.00	0.00	0.00
Commercial fertilizer / Other	92.00	38.00	2.00	0.00
Dry manure	121.65	10.80	17.44	0.00
Process wastewater	0.00	0.00	0.00	0.00
Fresh water	29.80	0.00	0.00	116.12
Atmospheric deposition	7.00	0.00	0.00	0.00
Total nutrients applied	250.46	48.80	19.44	116.12
Anticipated crop nutrient removal	240.00	45.00	198.00	0.00
Actual crop nutrient removal	203.64	20.78	170.40	938.84
Nutrient balance	46.81	28.02	-150.96	-822.72
Applied to removed ratio	1.23	2.35	0.11	0.12

Fresh water applied	
46,384,400.00	*gallons*
1,708.18	*acre-inches*
34.16	*inches/acre*

Process wastewater applied	
0.00	*gallons*
0.00	*acre-inches*
0.00	*inches/acre*

Total harvests for the crop	
1	*harvests*

West Orestimba - 07/19/2023: Corn, silage

Field name: West Orestimba Crop: Corn, silage Plant date: 07/19/2023

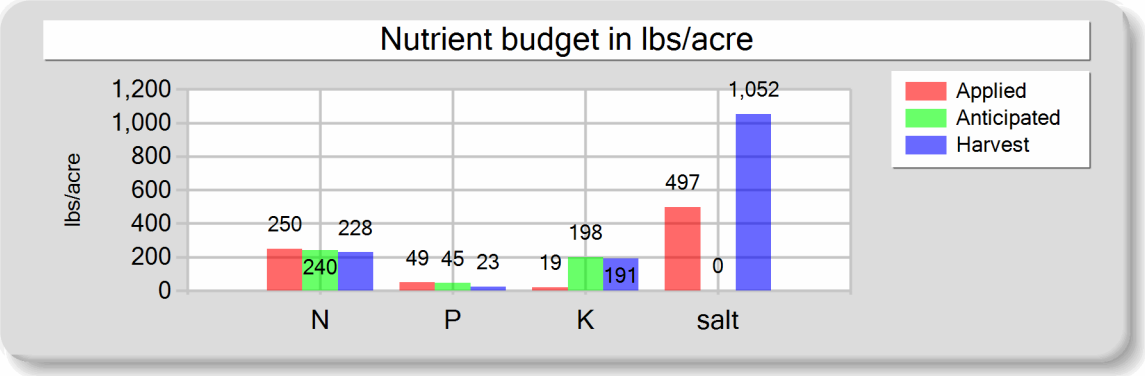

	Total N (lbs/acre)	Total P (lbs/acre)	Total K (lbs/acre)	Total salt (lbs/acre)
Existing soil nutrient content	0.00	0.00	0.00	0.00
Plowdown credit	0.00	0.00	0.00	0.00
Commercial fertilizer / Other	92.00	38.00	2.00	0.00
Dry manure	121.65	10.80	17.44	0.00
Process wastewater	0.00	0.00	0.00	0.00
Fresh water	22.23	0.00	0.00	496.55
Atmospheric deposition	14.00	0.00	0.00	0.00
Total nutrients applied	249.88	48.80	19.44	496.55
Anticipated crop nutrient removal	240.00	45.00	198.00	0.00
Actual crop nutrient removal	228.24	23.29	190.98	1,052.24
Nutrient balance	21.64	25.51	-171.54	-555.69
Applied to removed ratio	1.09	2.10	0.10	0.47

Fresh water applied	
82,388,440.00	*gallons*
3,034.09	*acre-inches*
33.71	*inches/acre*

Process wastewater applied	
0.00	*gallons*
0.00	*acre-inches*
0.00	*inches/acre*

Total harvests for the crop	
1	*harvests*

Wilson Ranch - 07/19/2023: Sudangrass, silage

Field name: Wilson Ranch Crop: Sudangrass, silage Plant date: 07/19/2023

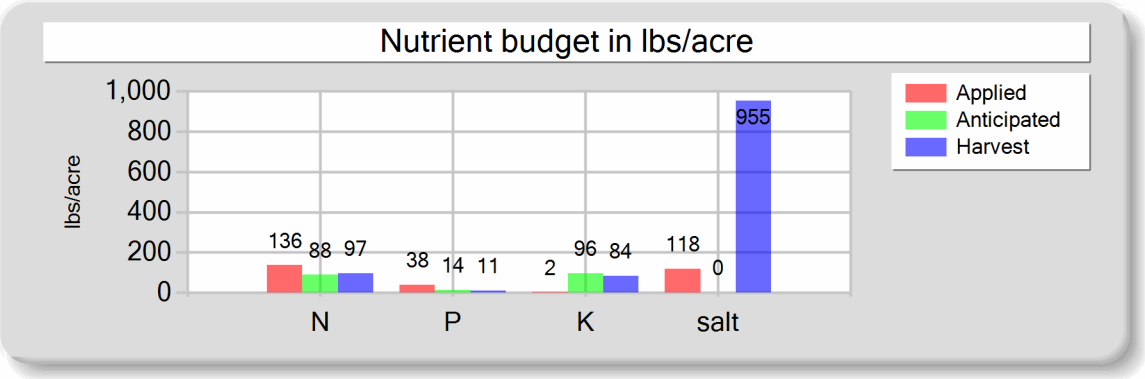

	Total N (lbs/acre)	Total P (lbs/acre)	Total K (lbs/acre)	Total salt (lbs/acre)
Existing soil nutrient content	0.00	0.00	0.00	0.00
Plowdown credit	0.00	0.00	0.00	0.00
Commercial fertilizer / Other	92.00	38.00	2.00	0.00
Dry manure	0.00	0.00	0.00	0.00
Process wastewater	0.00	0.00	0.00	0.00
Fresh water	30.19	0.00	0.00	117.61
Atmospheric deposition	14.00	0.00	0.00	0.00
Total nutrients applied	136.19	38.00	2.00	117.61
Anticipated crop nutrient removal	88.00	13.60	96.00	0.00
Actual crop nutrient removal	96.93	10.97	84.12	954.64
Nutrient balance	39.26	27.03	-82.12	-837.02
Applied to removed ratio	1.41	3.46	0.02	0.12

Fresh water applied	
482,013,774.00	*gallons*
17,750.93	*acre-inches*
34.60	*inches/acre*

Process wastewater applied	
0.00	*gallons*
0.00	*acre-inches*
0.00	*inches/acre*

Total harvests for the crop	
1	*harvests*

NUTRIENT ANALYSES

A. MANURE ANALYSES

Fall 2022 AJ Manure

Sample and source description: Fall 2022 AJ Manure

Sample date: 10/04/2022 Material type: Corral solids Source of analysis: Lab analysis Method of reporting: Dry-weight

Moisture: 37.7 %

	Total N (mg/kg)	Total P (mg/kg)	Total K (mg/kg)	Calcium (mg/kg)	Magnesium (mg/kg)	Sodium (mg/kg)	Sulfur (mg/kg)	Chloride (mg/kg)	Total salt (mg/kg)	TFS (%)
Value	17,900.00	2,300.00	9,700.00							
DL	100.00	100.00	100.00							

Fall 2022 O'Brien Manure

Sample and source description: Fall 2022 O'Brien Manure

Sample date: 10/04/2022 Material type: Corral solids Source of analysis: Lab analysis Method of reporting: Dry-weight

Moisture: 40.3 %

	Total N (mg/kg)	Total P (mg/kg)	Total K (mg/kg)	Calcium (mg/kg)	Magnesium (mg/kg)	Sodium (mg/kg)	Sulfur (mg/kg)	Chloride (mg/kg)	Total salt (mg/kg)	TFS (%)
Value	15,200.00	1,800.00	7,100.00							
DL	100.00	100.00	100.00							

Fall 2022 Hawkins Manure

Sample and source description: Fall 2022 Hawkins Manure

Sample date: 11/14/2022 Material type: Corral solids Source of analysis: Lab analysis Method of reporting: Dry-weight

Moisture: 33.4 %

	Total N (mg/kg)	Total P (mg/kg)	Total K (mg/kg)	Calcium (mg/kg)	Magnesium (mg/kg)	Sodium (mg/kg)	Sulfur (mg/kg)	Chloride (mg/kg)	Total salt (mg/kg)	TFS (%)
Value	15,500.00	7,900.00	30,700.00	18,400.00	12,100.00	7,000.00	6,200.00	1,460.00		59.30
DL	100.00	100.00	100.00	100.00	100.00	100.00	100.00	100.00		0.01

AJ Dairy Manure-March

Sample and source description: AJ Dairy Manure-March

Sample date: 03/27/2023 Material type: Separator solids Source of analysis: Lab analysis Method of reporting: Dry-weight

Moisture: 47.7 %

	Total N (mg/kg)	Total P (mg/kg)	Total K (mg/kg)	Calcium (mg/kg)	Magnesium (mg/kg)	Sodium (mg/kg)	Sulfur (mg/kg)	Chloride (mg/kg)	Total salt (mg/kg)	TFS (%)
Value	22,100.00	2,600.00	3,300.00							
DL	100.00	100.00	100.00							

O'Brien Manure-March

Sample and source description: O'Brien Manure-March

Sample date: 03/27/2023 Material type: Separator solids Source of analysis: Lab analysis Method of reporting: Dry-weight

Moisture: 49.7 %

	Total N (mg/kg)	Total P (mg/kg)	Total K (mg/kg)	Calcium (mg/kg)	Magnesium (mg/kg)	Sodium (mg/kg)	Sulfur (mg/kg)	Chloride (mg/kg)	Total salt (mg/kg)	TFS (%)
Value	26,200.00	2,500.00	3,000.00							
DL	100.00	100.00	100.00							

AJ Dairy Manure-April

Sample and source description: AJ Dairy Manure-April

Sample date: 04/10/2023 Material type: Separator solids Source of analysis: Lab analysis Method of reporting: Dry-weight

Moisture: 48.1 %

	Total N (mg/kg)	Total P (mg/kg)	Total K (mg/kg)	Calcium (mg/kg)	Magnesium (mg/kg)	Sodium (mg/kg)	Sulfur (mg/kg)	Chloride (mg/kg)	Total salt (mg/kg)	TFS (%)
Value	29,300.00	2,600.00	4,200.00							
DL	100.00	100.00	100.00							

O'Brien Manure-April

Sample and source description: O'Brien Manure-April

Sample date: 04/10/2023 Material type: Separator solids Source of analysis: Lab analysis Method of reporting: Dry-weight

Moisture: 49.2 %

	Total N (mg/kg)	Total P (mg/kg)	Total K (mg/kg)	Calcium (mg/kg)	Magnesium (mg/kg)	Sodium (mg/kg)	Sulfur (mg/kg)	Chloride (mg/kg)	Total salt (mg/kg)	TFS (%)
Value	27,700.00	2,600.00	4,000.00							
DL	100.00	100.00	100.00							

Hawkins Separated Solids-Spring

Sample and source description: Hawkins Separated Solids-Spring

Sample date: 05/01/2023 Material type: Separator solids Source of analysis: Lab analysis Method of reporting: Dry-weight

Moisture: 74.1 %

	Total N (mg/kg)	Total P (mg/kg)	Total K (mg/kg)	Calcium (mg/kg)	Magnesium (mg/kg)	Sodium (mg/kg)	Sulfur (mg/kg)	Chloride (mg/kg)	Total salt (mg/kg)	TFS (%)
Value	12,400.00	1,500.00	2,600.00							17.40
DL	100.00	100.00	100.00							0.01

Anchor J Corral Solids

Sample and source description: Anchor J Corral Solids

Sample date: 10/24/2023 Material type: Corral solids Source of analysis: Lab analysis Method of reporting: Dry-weight

Moisture: 52.8 %

	Total N (mg/kg)	Total P (mg/kg)	Total K (mg/kg)	Calcium (mg/kg)	Magnesium (mg/kg)	Sodium (mg/kg)	Sulfur (mg/kg)	Chloride (mg/kg)	Total salt (mg/kg)	TFS (%)
Value	13,800.00	2,300.00	5,500.00							12.10
DL	100.00	100.00	100.00							0.01

Anchor J Separated Solids

Sample and source description: Anchor J Separated Solids

Sample date: 10/24/2023 Material type: Separator solids Source of analysis: Lab analysis Method of reporting: Dry-weight

Moisture: 71.2 %

	Total N (mg/kg)	Total P (mg/kg)	Total K (mg/kg)	Calcium (mg/kg)	Magnesium (mg/kg)	Sodium (mg/kg)	Sulfur (mg/kg)	Chloride (mg/kg)	Total salt (mg/kg)	TFS (%)
Value	12,500.00	2,800.00	6,300.00	11,800.00	3,550.00	3,800.00	4,300.00	894.00		13.90
DL	100.00	100.00	100.00	100.00	100.00	100.00	100.00	100.00		0.01

Hawkins Separated Solids Fall

Sample and source description: Hawkins Separated Solids Fall

Sample date: 10/24/2023 Material type: Separator solids Source of analysis: Lab analysis Method of reporting: Dry-weight

Moisture: 75.9 %

	Total N (mg/kg)	Total P (mg/kg)	Total K (mg/kg)	Calcium (mg/kg)	Magnesium (mg/kg)	Sodium (mg/kg)	Sulfur (mg/kg)	Chloride (mg/kg)	Total salt (mg/kg)	TFS (%)
Value	15,100.00	3,300.00	7,700.00	10,900.00	3,800.00	2,700.00	4,500.00	777.00		33.70
DL	100.00	100.00	100.00	100.00	100.00	100.00	100.00	100.00		0.01

O'Brien Fall Corral Solids

Sample and source description: O'Brien Fall Corral Solids

Sample date: 10/24/2023 Material type: Corral solids Source of analysis: Lab analysis Method of reporting: Dry-weight

Moisture: 8.9 %

	Total N (mg/kg)	Total P (mg/kg)	Total K (mg/kg)	Calcium (mg/kg)	Magnesium (mg/kg)	Sodium (mg/kg)	Sulfur (mg/kg)	Chloride (mg/kg)	Total salt (mg/kg)	TFS (%)
Value	10,700.00	6,200.00	17,500.00							48.20
DL	100.00	100.00	100.00							0.01

Old Anchor J Fall Corral Solids

Sample and source description: Old Anchor J Fall Corral Solids

Sample date: 10/24/2023 Material type: Corral solids Source of analysis: Lab analysis Method of reporting: Dry-weight

Moisture: 16.8 %

	Total N (mg/kg)	Total P (mg/kg)	Total K (mg/kg)	Calcium (mg/kg)	Magnesium (mg/kg)	Sodium (mg/kg)	Sulfur (mg/kg)	Chloride (mg/kg)	Total salt (mg/kg)	TFS (%)
Value	11,200.00	6,600.00	34,800.00							42.40
DL	10.00	100.00	100.00							0.01

B. PROCESS WASTEWATER ANALYSES

2022 WWSQ4 AJ Dairy

Sample and source description: 2022 WWSQ4 AJ Dairy

Sample date: 10/04/2022 Material type: Process wastewater Source of analysis: Lab analysis pH:

	Kjeldahl-N (mg/L)	NH4-N (mg/L)	NH3-N (mg/L)	Nitrate-N (mg/L)	Total P (mg/L)	Total K (mg/L)	Calcium (mg/L)	Magnes. (mg/L)	Sodium (mg/L)	Bicarb. (mg/L)	Carb. (mg/L)	Sulfate (mg/L)	Chloride (mg/L)	EC (µmhos/cm)	TDS (mg/L)
Value	806.00	532.00	0.00	0.00	118.00	823.00								10,500.00	5,420
DL	0.50	0.50	0.50	0.50	0.50	0.50								1.00	10

2022 WWSQ4 O'Brien

Sample and source description: 2022 WWSQ4 O'Brien

Sample date: 10/04/2022 Material type: Process wastewater Source of analysis: Lab analysis pH:

	Kjeldahl-N (mg/L)	NH4-N (mg/L)	NH3-N (mg/L)	Nitrate-N (mg/L)	Total P (mg/L)	Total K (mg/L)	Calcium (mg/L)	Magnes. (mg/L)	Sodium (mg/L)	Bicarb. (mg/L)	Carb. (mg/L)	Sulfate (mg/L)	Chloride (mg/L)	EC (µmhos/cm)	TDS (mg/L)
Value	756.00	479.00	0.00	0.00	78.50	814.00								10,600.00	6,120
DL	0.50	0.50	0.50	0.50	0.50	0.50								1.00	10

2022 WWSQ4 Hawkins

Sample and source description: 2022 WWSQ4 Hawkins

Sample date: 12/12/2022 Material type: Process wastewater Source of analysis: Lab analysis pH:

	Kjeldahl-N (mg/L)	NH4-N (mg/L)	NH3-N (mg/L)	Nitrate-N (mg/L)	Total P (mg/L)	Total K (mg/L)	Calcium (mg/L)	Magnes. (mg/L)	Sodium (mg/L)	Bicarb. (mg/L)	Carb. (mg/L)	Sulfate (mg/L)	Chloride (mg/L)	EC (µmhos/cm)	TDS (mg/L)
Value	619.00	255.00	0.00	0.00	95.40	993.00								7,480.00	5,380
DL	0.50	0.50	0.50	0.50	0.50	0.50								1.00	10

WWSQ1 Hawkins

Sample and source description: WWSQ1 Hawkins

Sample date: 03/13/2023 Material type: Process wastewater Source of analysis: Lab analysis pH:

	Kjeldahl-N (mg/L)	NH4-N (mg/L)	NH3-N (mg/L)	Nitrate-N (mg/L)	Total P (mg/L)	Total K (mg/L)	Calcium (mg/L)	Magnes. (mg/L)	Sodium (mg/L)	Bicarb. (mg/L)	Carb. (mg/L)	Sulfate (mg/L)	Chloride (mg/L)	EC (µmhos/cm)	TDS (mg/L)
Value	328.00	204.00	0.00	0.00	59.30	965.00								5,550.00	4,240
DL	0.50	0.50	0.50	0.50	0.50	0.50								1.00	10

WWSQ1 AJ Dairy-March

Sample and source description: WWSQ1 AJ Dairy-March

Sample date: 03/27/2023 Material type: Process wastewater Source of analysis: Lab analysis pH:

	Kjeldahl-N (mg/L)	NH4-N (mg/L)	NH3-N (mg/L)	Nitrate-N (mg/L)	Total P (mg/L)	Total K (mg/L)	Calcium (mg/L)	Magnes. (mg/L)	Sodium (mg/L)	Bicarb. (mg/L)	Carb. (mg/L)	Sulfate (mg/L)	Chloride (mg/L)	EC (µmhos/cm)	TDS (mg/L)
Value	613.00	414.00	0.00	0.00	65.20	782.00								8,360.00	7,540
DL	0.50	0.50	0.50	0.50	0.50	0.50								1.00	10

WWSQ1 O'Brien- March

Sample and source description: WWSQ1 O'Brien- March

Sample date: 03/27/2023 Material type: Process wastewater Source of analysis: Lab analysis pH:

	Kjeldahl-N (mg/L)	NH4-N (mg/L)	NH3-N (mg/L)	Nitrate-N (mg/L)	Total P (mg/L)	Total K (mg/L)	Calcium (mg/L)	Magnes. (mg/L)	Sodium (mg/L)	Bicarb. (mg/L)	Carb. (mg/L)	Sulfate (mg/L)	Chloride (mg/L)	EC (µmhos/cm)	TDS (mg/L)
Value	627.00	431.00	0.00	0.00	100.00	1,150.00								8,360.00	6,540
DL	0.50	0.50	0.50	0.50	0.50	0.50								1.00	10

WWSQ2 Anchor J-April

Sample and source description: WWSQ2 Anchor J-April

Sample date: 04/10/2023 Material type: Process wastewater Source of analysis: Lab analysis pH:

	Kjeldahl-N (mg/L)	NH4-N (mg/L)	NH3-N (mg/L)	Nitrate-N (mg/L)	Total P (mg/L)	Total K (mg/L)	Calcium (mg/L)	Magnes. (mg/L)	Sodium (mg/L)	Bicarb. (mg/L)	Carb. (mg/L)	Sulfate (mg/L)	Chloride (mg/L)	EC (µmhos/cm)	TDS (mg/L)
Value	753.00	493.00	0.00	0.00	69.70	785.00								9,080.00	10,700
DL	0.50	0.50	0.50	0.50	0.50	0.50								1.00	10

WWSQ2 O'Brien-April

Sample and source description: WWSQ2 O'Brien-April

Sample date: 04/10/2023 Material type: Process wastewater Source of analysis: Lab analysis pH:

	Kjeldahl-N (mg/L)	NH4-N (mg/L)	NH3-N (mg/L)	Nitrate-N (mg/L)	Total P (mg/L)	Total K (mg/L)	Calcium (mg/L)	Magnes. (mg/L)	Sodium (mg/L)	Bicarb. (mg/L)	Carb. (mg/L)	Sulfate (mg/L)	Chloride (mg/L)	EC (µmhos/cm)	TDS (mg/L)
Value	694.00	470.00	0.00	0.00	73.60	778.00								9,170.00	10,900
DL	0.50	0.50	0.50	0.50	0.50	0.50								1.00	10

WWSQ2 Hawkins

Sample and source description: WWSQ2 Hawkins

Sample date: 06/06/2023 Material type: Process wastewater Source of analysis: Lab analysis pH:

	Kjeldahl-N (mg/L)	NH4-N (mg/L)	NH3-N (mg/L)	Nitrate-N (mg/L)	Total P (mg/L)	Total K (mg/L)	Calcium (mg/L)	Magnes. (mg/L)	Sodium (mg/L)	Bicarb. (mg/L)	Carb. (mg/L)	Sulfate (mg/L)	Chloride (mg/L)	EC (µmhos/cm)	TDS (mg/L)
Value	588.00	409.00	0.00	0.00	21.70	815.00								7,900.00	6,440
DL	0.50	0.50	0.50	0.50	0.50	0.50								1.00	10

Slurry

Sample and source description: Slurry

Sample date: 09/13/2023 Material type: Process wastewater sludge Source of analysis: Lab analysis pH:

	Kjeldahl-N (mg/L)	NH4-N (mg/L)	NH3-N (mg/L)	Nitrate-N (mg/L)	Total P (mg/L)	Total K (mg/L)	Calcium (mg/L)	Magnes. (mg/L)	Sodium (mg/L)	Bicarb. (mg/L)	Carb. (mg/L)	Sulfate (mg/L)	Chloride (mg/L)	EC (µmhos/cm)	TDS (mg/L)
Value	1,390.00	149.00	0.00	0.00	173.00	377.00								1,870.00	1,000
DL	0.50	0.50	0.50	0.50	0.50	0.50								1.00	10

WWSQ3 Anchor J

Sample and source description: WWSQ3 Anchor J

Sample date: 09/19/2023 Material type: Process wastewater Source of analysis: Lab analysis pH: _____

	Kjeldahl-N (mg/L)	NH4-N (mg/L)	NH3-N (mg/L)	Nitrate-N (mg/L)	Total P (mg/L)	Total K (mg/L)	Calcium (mg/L)	Magnes. (mg/L)	Sodium (mg/L)	Bicarb. (mg/L)	Carb. (mg/L)	Sulfate (mg/L)	Chloride (mg/L)	EC (µmhos/cm)	TDS (mg/L)
Value	468.00	305.00	0.00	0.00	76.10	787.00	225.00	145.00	239.00	3,260.00	0.00	166.00	269.00	6,920.00	6,280
DL	0.50	0.50	0.50	0.50	0.50	0.50	0.50	0.50	0.50	0.50	0.50	0.50	0.50	1.00	10

WWSQ3 Hawkins

Sample and source description: WWSQ3 Hawkins

Sample date: 09/19/2023 Material type: Process wastewater Source of analysis: Lab analysis pH: _____

	Kjeldahl-N (mg/L)	NH4-N (mg/L)	NH3-N (mg/L)	Nitrate-N (mg/L)	Total P (mg/L)	Total K (mg/L)	Calcium (mg/L)	Magnes. (mg/L)	Sodium (mg/L)	Bicarb. (mg/L)	Carb. (mg/L)	Sulfate (mg/L)	Chloride (mg/L)	EC (µmhos/cm)	TDS (mg/L)
Value	521.00	308.00	0.00	0.00	71.40	765.00	218.00	142.00	246.00	3,300.00	0.00	170.00	307.00	6,940.00	5,700
DL	0.50	0.50	0.50	0.50	0.50	0.50	0.50	0.50	0.50	0.50	0.50	0.50	0.50	1.00	10

WWSQ4 Anchor J

Sample and source description: WWSQ4 Anchor J

Sample date: 12/11/2023 Material type: Process wastewater Source of analysis: Lab analysis pH: _____

	Kjeldahl-N (mg/L)	NH4-N (mg/L)	NH3-N (mg/L)	Nitrate-N (mg/L)	Total P (mg/L)	Total K (mg/L)	Calcium (mg/L)	Magnes. (mg/L)	Sodium (mg/L)	Bicarb. (mg/L)	Carb. (mg/L)	Sulfate (mg/L)	Chloride (mg/L)	EC (µmhos/cm)	TDS (mg/L)
Value	588.00	330.00	0.00	0.00	49.60	768.00								8,210.00	7,000
DL	0.50	0.50	0.50	0.50	0.50	0.50								1.00	10

WWSQ4 Hawkins

Sample and source description: WWSQ4 Hawkins

Sample date: 12/11/2023 Material type: Process wastewater Source of analysis: Lab analysis pH: _____

	Kjeldahl-N (mg/L)	NH4-N (mg/L)	NH3-N (mg/L)	Nitrate-N (mg/L)	Total P (mg/L)	Total K (mg/L)	Calcium (mg/L)	Magnes. (mg/L)	Sodium (mg/L)	Bicarb. (mg/L)	Carb. (mg/L)	Sulfate (mg/L)	Chloride (mg/L)	EC (µmhos/cm)	TDS (mg/L)
Value	560.00	294.00	0.00	0.00	49.80	769.00								8,190.00	8,160
DL	0.50	0.50	0.50	0.50	0.50	0.50								1.00	10

C. FRESH WATER ANALYSES

Canal

Eastside Canal

Sample description: Eastside Canal

Sample date: 09/18/2023 Source of analysis: Lab analysis

	Total N (mg/L)	NH4-N (mg/L)	Nitrate-N (mg/L)	Calcium (mg/L)	Magnesium (mg/L)	Sodium (mg/L)	Bicarbonate (mg/L)	Carbonate (mg/L)	Sulfate (mg/L)	Chloride (mg/L)	EC (µmhos/cm)	TDS (mg/L)
Value	3.27	0.00	0.00								119.00	55
DL	0.50	0.50	0.50								1.00	10

Irrigation Well

S1-AJ

Sample description: S1-AJ

Sample date: 09/18/2023 Source of analysis: Lab analysis

	Total N (mg/L)	NH4-N (mg/L)	Nitrate-N (mg/L)	Calcium (mg/L)	Magnesium (mg/L)	Sodium (mg/L)	Bicarbonate (mg/L)	Carbonate (mg/L)	Sulfate (mg/L)	Chloride (mg/L)	EC (µmhos/cm)	TDS (mg/L)
Value	2.95	0.00	0.00								908.00	550
DL	0.50	0.50	0.50								1.00	10

S2-RRD

Sample description: S2-RRD

Sample date: 09/18/2023 Source of analysis: Lab analysis

	Total N (mg/L)	NH4-N (mg/L)	Nitrate-N (mg/L)	Calcium (mg/L)	Magnesium (mg/L)	Sodium (mg/L)	Bicarbonate (mg/L)	Carbonate (mg/L)	Sulfate (mg/L)	Chloride (mg/L)	EC (µmhos/cm)	TDS (mg/L)
Value	2.92	0.00	0.00								992.00	555
DL	0.50	0.50	0.50								1.00	10

Irrigation Well

S3-Hatfield

Sample description: S3-Hatfield

Sample date: 09/18/2023 Source of analysis: Lab analysis

	Total N (mg/L)	NH4-N (mg/L)	Nitrate-N (mg/L)	Calcium (mg/L)	Magnesium (mg/L)	Sodium (mg/L)	Bicarbonate (mg/L)	Carbonate (mg/L)	Sulfate (mg/L)	Chloride (mg/L)	EC (µmhos/cm)	TDS (mg/L)
Value	13.50	0.00	10.70								760.00	380
DL	0.50	0.50	0.50								1.00	10

S4-East Home Ranch

Sample description: S4-East Home Ranch

Sample date: 09/18/2023 Source of analysis: Lab analysis

	Total N (mg/L)	NH4-N (mg/L)	Nitrate-N (mg/L)	Calcium (mg/L)	Magnesium (mg/L)	Sodium (mg/L)	Bicarbonate (mg/L)	Carbonate (mg/L)	Sulfate (mg/L)	Chloride (mg/L)	EC (µmhos/cm)	TDS (mg/L)
Value	2.83	0.00	0.00								906.00	735
DL	0.50	0.50	0.50								1.00	10

S5-Borba

Sample description: S5-Borba

Sample date: 09/18/2023 Source of analysis: Lab analysis

	Total N (mg/L)	NH4-N (mg/L)	Nitrate-N (mg/L)	Calcium (mg/L)	Magnesium (mg/L)	Sodium (mg/L)	Bicarbonate (mg/L)	Carbonate (mg/L)	Sulfate (mg/L)	Chloride (mg/L)	EC (µmhos/cm)	TDS (mg/L)
Value	0.00	0.00	0.00								1,110.00	520
DL	0.50	0.50	0.50								1.00	10

Irrigation Well

S6-Anchor J Facility

Sample description: S6-Anchor J Facility

Sample date: 09/18/2023 Source of analysis: Lab analysis

	Total N (mg/L)	NH4-N (mg/L)	Nitrate-N (mg/L)	Calcium (mg/L)	Magnesium (mg/L)	Sodium (mg/L)	Bicarbonate (mg/L)	Carbonate (mg/L)	Sulfate (mg/L)	Chloride (mg/L)	EC (µmhos/cm)	TDS (mg/L)
Value	14.70	0.00	11.90								1,770.00	920
DL	0.50	0.50	0.50								1.00	10

S7-Keaton/140

Sample description: S7-Keaton/140

Sample date: 09/18/2023 Source of analysis: Lab analysis

	Total N (mg/L)	NH4-N (mg/L)	Nitrate-N (mg/L)	Calcium (mg/L)	Magnesium (mg/L)	Sodium (mg/L)	Bicarbonate (mg/L)	Carbonate (mg/L)	Sulfate (mg/L)	Chloride (mg/L)	EC (µmhos/cm)	TDS (mg/L)
Value	4.78	0.00	4.78								1,750.00	855
DL	0.50	0.50	0.50								1.00	10

S8-Goss

Sample description: S8-Goss

Sample date: 09/18/2023 Source of analysis: Lab analysis

	Total N (mg/L)	NH4-N (mg/L)	Nitrate-N (mg/L)	Calcium (mg/L)	Magnesium (mg/L)	Sodium (mg/L)	Bicarbonate (mg/L)	Carbonate (mg/L)	Sulfate (mg/L)	Chloride (mg/L)	EC (µmhos/cm)	TDS (mg/L)
Value	42.60	0.00	39.80								1,870.00	935
DL	0.50	0.50	0.50								1.00	10

River

River

Merced River

Sample description: Merced River

Sample date: 09/18/2023 Source of analysis: Lab analysis

	Total N (mg/L)	NH4-N (mg/L)	Nitrate-N (mg/L)	Calcium (mg/L)	Magnesium (mg/L)	Sodium (mg/L)	Bicarbonate (mg/L)	Carbonate (mg/L)	Sulfate (mg/L)	Chloride (mg/L)	EC (µmhos/cm)	TDS (mg/L)
Value	3.85	0.00	0.00								0.00	15
DL	0.50	0.50	0.50								1.00	10

San Joaquin River

Sample description: San Joaquin River

Sample date: 09/18/2023 Source of analysis: Lab analysis

	Total N (mg/L)	NH4-N (mg/L)	Nitrate-N (mg/L)	Calcium (mg/L)	Magnesium (mg/L)	Sodium (mg/L)	Bicarbonate (mg/L)	Carbonate (mg/L)	Sulfate (mg/L)	Chloride (mg/L)	EC (µmhos/cm)	TDS (mg/L)
Value	2.91	0.00	0.00								183.00	65
DL	0.50	0.50	0.50								1.00	10

D. SOIL ANALYSES

700 Ranch

Soil

Sample and source description: Soil

Sample date: 09/14/2023 Source of analysis: Lab analysis

	Nitrate-N (mg/kg)	Total P (mg/kg)	Soluble P (mg/kg)	K (mg/kg)	EC (µmhos/cm)	Organic matter (%)	Total salt (mg/kg)
Value			40.00				
DL			4.00				

700 Ranch

Soil

Sample and source description: Soil

Sample date: 09/14/2023 Source of analysis: Lab analysis

	Nitrate-N (mg/kg)	Total P (mg/kg)	Soluble P (mg/kg)	K (mg/kg)	EC (µmhos/cm)	Organic matter (%)	Total salt (mg/kg)
Value			20.00				
DL			4.00				

Soil

Sample and source description: Soil

Sample date: 09/14/2023 Source of analysis: Lab analysis

	Nitrate-N (mg/kg)	Total P (mg/kg)	Soluble P (mg/kg)	K (mg/kg)	EC (µmhos/cm)	Organic matter (%)	Total salt (mg/kg)
Value			35.00				
DL			4.00				

Soil

Sample and source description: Soil

Sample date: 09/14/2023 Source of analysis: Lab analysis

	Nitrate-N (mg/kg)	Total P (mg/kg)	Soluble P (mg/kg)	K (mg/kg)	EC (µmhos/cm)	Organic matter (%)	Total salt (mg/kg)
Value			47.00				
DL			4.00				

Soil

Sample and source description: Soil

Sample date: 09/14/2023 Source of analysis: Lab analysis

	Nitrate-N (mg/kg)	Total P (mg/kg)	Soluble P (mg/kg)	K (mg/kg)	EC (µmhos/cm)	Organic matter (%)	Total salt (mg/kg)
Value			24.00				
DL			4.00				

700 Ranch

Soil

Sample and source description: Soil

Sample date: 09/14/2023 Source of analysis: Lab analysis

	Nitrate-N (mg/kg)	Total P (mg/kg)	Soluble P (mg/kg)	K (mg/kg)	EC (µmhos/cm)	Organic matter (%)	Total salt (mg/kg)
Value			22.00				
DL			4.00				

Soil

Sample and source description: Soil

Sample date: 10/06/2023 Source of analysis: Lab analysis

	Nitrate-N (mg/kg)	Total P (mg/kg)	Soluble P (mg/kg)	K (mg/kg)	EC (µmhos/cm)	Organic matter (%)	Total salt (mg/kg)
Value			37.00				
DL			4.00				

Soil

Sample and source description: Soil

Sample date: 10/06/2023 Source of analysis: Lab analysis

	Nitrate-N (mg/kg)	Total P (mg/kg)	Soluble P (mg/kg)	K (mg/kg)	EC (µmhos/cm)	Organic matter (%)	Total salt (mg/kg)
Value			18.00				
DL			4.00				

AJ 7

AJ 7

Soil

Sample and source description: Soil

Sample date: 05/29/2023 Source of analysis: Lab analysis

	Nitrate-N (mg/kg)	Total P (mg/kg)	Soluble P (mg/kg)	K (mg/kg)	EC (µmhos/cm)	Organic matter (%)	Total salt (mg/kg)
Value			239.00				
DL			4.00				

Soil

Sample and source description: Soil

Sample date: 10/06/2023 Source of analysis: Lab analysis

	Nitrate-N (mg/kg)	Total P (mg/kg)	Soluble P (mg/kg)	K (mg/kg)	EC (µmhos/cm)	Organic matter (%)	Total salt (mg/kg)
Value			13.00				
DL			4.00				

AJ Beef

Soil

Sample and source description: Soil

Sample date: 06/15/2023 Source of analysis: Lab analysis

	Nitrate-N (mg/kg)	Total P (mg/kg)	Soluble P (mg/kg)	K (mg/kg)	EC (µmhos/cm)	Organic matter (%)	Total salt (mg/kg)
Value			46.00				
DL			4.00				

AJ Blow Rd

AJ Blow Rd

Soil

Sample and source description: Soil

Sample date: 06/12/2023 Source of analysis: Lab analysis

	Nitrate-N (mg/kg)	Total P (mg/kg)	Soluble P (mg/kg)	K (mg/kg)	EC (µmhos/cm)	Organic matter (%)	Total salt (mg/kg)
Value			342.00				
DL			4.00				

AJ D East

Soil

Sample and source description: Soil

Sample date: 06/12/2023 Source of analysis: Lab analysis

	Nitrate-N (mg/kg)	Total P (mg/kg)	Soluble P (mg/kg)	K (mg/kg)	EC (µmhos/cm)	Organic matter (%)	Total salt (mg/kg)
Value			192.00				
DL			4.00				

AJ D North

Soil

Sample and source description: Soil

Sample date: 06/15/2023 Source of analysis: Lab analysis

	Nitrate-N (mg/kg)	Total P (mg/kg)	Soluble P (mg/kg)	K (mg/kg)	EC (µmhos/cm)	Organic matter (%)	Total salt (mg/kg)
Value			210.00				
DL			4.00				

AJ D West

AJ D West

Soil

Sample and source description: Soil

Sample date: 05/29/2023 Source of analysis: Lab analysis

	Nitrate-N (mg/kg)	Total P (mg/kg)	Soluble P (mg/kg)	K (mg/kg)	EC (µmhos/cm)	Organic matter (%)	Total salt (mg/kg)
Value			83.00				
DL			4.00				

AJ R Racks

Soil

Sample and source description: Soil

Sample date: 06/15/2023 Source of analysis: Lab analysis

	Nitrate-N (mg/kg)	Total P (mg/kg)	Soluble P (mg/kg)	K (mg/kg)	EC (µmhos/cm)	Organic matter (%)	Total salt (mg/kg)
Value			83.00				
DL			4.00				

AJ South

Soil

Sample and source description: Soil

Sample date: 05/29/2023 Source of analysis: Lab analysis

	Nitrate-N (mg/kg)	Total P (mg/kg)	Soluble P (mg/kg)	K (mg/kg)	EC (µmhos/cm)	Organic matter (%)	Total salt (mg/kg)
Value			106.00				
DL			4.00				

Big Bottom

Big Bottom

Soil

Sample and source description: Soil

Sample date: 10/06/2023 Source of analysis: Lab analysis

	Nitrate-N (mg/kg)	Total P (mg/kg)	Soluble P (mg/kg)	K (mg/kg)	EC (µmhos/cm)	Organic matter (%)	Total salt (mg/kg)
Value			20.00				
DL			4.00				

Soil

Sample and source description: Soil

Sample date: 10/06/2023 Source of analysis: Lab analysis

	Nitrate-N (mg/kg)	Total P (mg/kg)	Soluble P (mg/kg)	K (mg/kg)	EC (µmhos/cm)	Organic matter (%)	Total salt (mg/kg)
Value			26.00				
DL			4.00				

Borges

Soil

Sample and source description: Soil

Sample date: 10/06/2023 Source of analysis: Lab analysis

	Nitrate-N (mg/kg)	Total P (mg/kg)	Soluble P (mg/kg)	K (mg/kg)	EC (µmhos/cm)	Organic matter (%)	Total salt (mg/kg)
Value			31.00				
DL			4.00				

East Orestimba

East Orestimba

Soil

Sample and source description: Soil

Sample date: 10/06/2023 Source of analysis: Lab analysis

	Nitrate-N (mg/kg)	Total P (mg/kg)	Soluble P (mg/kg)	K (mg/kg)	EC (µmhos/cm)	Organic matter (%)	Total salt (mg/kg)
Value			21.00				
DL			4.00				

Fremont

Soil

Sample and source description: Soil

Sample date: 05/29/2023 Source of analysis: Lab analysis

	Nitrate-N (mg/kg)	Total P (mg/kg)	Soluble P (mg/kg)	K (mg/kg)	EC (µmhos/cm)	Organic matter (%)	Total salt (mg/kg)
Value			166.00				
DL			4.00				

Fremont Pasture

Soil

Sample and source description: Soil

Sample date: 06/15/2023 Source of analysis: Lab analysis

	Nitrate-N (mg/kg)	Total P (mg/kg)	Soluble P (mg/kg)	K (mg/kg)	EC (µmhos/cm)	Organic matter (%)	Total salt (mg/kg)
Value			100.00				
DL			4.00				

Gette 3

Gette 3

Soil

Sample and source description: Soil

Sample date: 05/29/2023 Source of analysis: Lab analysis

	Nitrate-N (mg/kg)	Total P (mg/kg)	Soluble P (mg/kg)	K (mg/kg)	EC (µmhos/cm)	Organic matter (%)	Total salt (mg/kg)
Value			90.00				
DL			4.00				

Gette 4

Soil

Sample and source description: Soil

Sample date: 05/29/2023 Source of analysis: Lab analysis

	Nitrate-N (mg/kg)	Total P (mg/kg)	Soluble P (mg/kg)	K (mg/kg)	EC (µmhos/cm)	Organic matter (%)	Total salt (mg/kg)
Value			92.00				
DL			4.00				

Hatfield Ranch

Soil

Sample and source description: Soil

Sample date: 10/06/2023 Source of analysis: Lab analysis

	Nitrate-N (mg/kg)	Total P (mg/kg)	Soluble P (mg/kg)	K (mg/kg)	EC (µmhos/cm)	Organic matter (%)	Total salt (mg/kg)
Value			53.00				
DL			4.00				

Hatfield Ranch

Soil

Sample and source description: Soil

Sample date: 10/06/2023 Source of analysis: Lab analysis

	Nitrate-N (mg/kg)	Total P (mg/kg)	Soluble P (mg/kg)	K (mg/kg)	EC (µmhos/cm)	Organic matter (%)	Total salt (mg/kg)
Value			17.00				
DL			4.00				

Hawkins Ranch

Soil

Sample and source description: Soil

Sample date: 10/06/2023 Source of analysis: Lab analysis

	Nitrate-N (mg/kg)	Total P (mg/kg)	Soluble P (mg/kg)	K (mg/kg)	EC (µmhos/cm)	Organic matter (%)	Total salt (mg/kg)
Value			43.00				
DL			4.00				

Soil

Sample and source description: Soil

Sample date: 10/06/2023 Source of analysis: Lab analysis

	Nitrate-N (mg/kg)	Total P (mg/kg)	Soluble P (mg/kg)	K (mg/kg)	EC (µmhos/cm)	Organic matter (%)	Total salt (mg/kg)
Value			136.00				
DL			4.00				

Hawkins Ranch

Soil

Sample and source description: Soil

Sample date: 10/06/2023 Source of analysis: Lab analysis

	Nitrate-N (mg/kg)	Total P (mg/kg)	Soluble P (mg/kg)	K (mg/kg)	EC (µmhos/cm)	Organic matter (%)	Total salt (mg/kg)
Value			124.00				
DL			4.00				

Home Ranch

Soil

Sample and source description: Soil

Sample date: 10/06/2023 Source of analysis: Lab analysis

	Nitrate-N (mg/kg)	Total P (mg/kg)	Soluble P (mg/kg)	K (mg/kg)	EC (µmhos/cm)	Organic matter (%)	Total salt (mg/kg)
Value			11.00				
DL			4.00				

Soil

Sample and source description: Soil

Sample date: 10/06/2023 Source of analysis: Lab analysis

	Nitrate-N (mg/kg)	Total P (mg/kg)	Soluble P (mg/kg)	K (mg/kg)	EC (µmhos/cm)	Organic matter (%)	Total salt (mg/kg)
Value			69.00				
DL			4.00				

Home Ranch

Soil

Sample and source description: Soil

Sample date: 10/06/2023 Source of analysis: Lab analysis

	Nitrate-N (mg/kg)	Total P (mg/kg)	Soluble P (mg/kg)	K (mg/kg)	EC (µmhos/cm)	Organic matter (%)	Total salt (mg/kg)
Value			87.00				
DL			4.00				

Soil

Sample and source description: Soil

Sample date: 10/06/2023 Source of analysis: Lab analysis

	Nitrate-N (mg/kg)	Total P (mg/kg)	Soluble P (mg/kg)	K (mg/kg)	EC (µmhos/cm)	Organic matter (%)	Total salt (mg/kg)
Value			68.00				
DL			4.00				

Soil

Sample and source description: Soil

Sample date: 10/06/2023 Source of analysis: Lab analysis

	Nitrate-N (mg/kg)	Total P (mg/kg)	Soluble P (mg/kg)	K (mg/kg)	EC (µmhos/cm)	Organic matter (%)	Total salt (mg/kg)
Value			73.00				
DL			4.00				

Soil

Sample and source description: Soil

Sample date: 10/06/2023 Source of analysis: Lab analysis

	Nitrate-N (mg/kg)	Total P (mg/kg)	Soluble P (mg/kg)	K (mg/kg)	EC (µmhos/cm)	Organic matter (%)	Total salt (mg/kg)
Value			5.00				
DL			4.00				

Home Ranch

Soil

Sample and source description: Soil

Sample date: 10/06/2023 Source of analysis: Lab analysis

	Nitrate-N (mg/kg)	Total P (mg/kg)	Soluble P (mg/kg)	K (mg/kg)	EC (µmhos/cm)	Organic matter (%)	Total salt (mg/kg)
Value			5.00				
DL			4.00				

Soil

Sample and source description: Soil

Sample date: 10/06/2023 Source of analysis: Lab analysis

	Nitrate-N (mg/kg)	Total P (mg/kg)	Soluble P (mg/kg)	K (mg/kg)	EC (µmhos/cm)	Organic matter (%)	Total salt (mg/kg)
Value			7.00				
DL			4.00				

Soil

Sample and source description: Soil

Sample date: 10/06/2023 Source of analysis: Lab analysis

	Nitrate-N (mg/kg)	Total P (mg/kg)	Soluble P (mg/kg)	K (mg/kg)	EC (µmhos/cm)	Organic matter (%)	Total salt (mg/kg)
Value			80.00				
DL			4.00				

Judith

Judith

Soil

Sample and source description: Soil

Sample date: 05/29/2023 Source of analysis: Lab analysis

	Nitrate-N (mg/kg)	Total P (mg/kg)	Soluble P (mg/kg)	K (mg/kg)	EC (µmhos/cm)	Organic matter (%)	Total salt (mg/kg)
Value			92.00				
DL			4.00				

N E Big Bottom

Soil

Sample and source description: Soil

Sample date: 10/06/2023 Source of analysis: Lab analysis

	Nitrate-N (mg/kg)	Total P (mg/kg)	Soluble P (mg/kg)	K (mg/kg)	EC (µmhos/cm)	Organic matter (%)	Total salt (mg/kg)
Value			14.00				
DL			4.00				

Soil

Sample and source description: Soil

Sample date: 10/06/2023 Source of analysis: Lab analysis

	Nitrate-N (mg/kg)	Total P (mg/kg)	Soluble P (mg/kg)	K (mg/kg)	EC (µmhos/cm)	Organic matter (%)	Total salt (mg/kg)
Value			17.00				
DL			4.00				

NW Pike

NW Pike

Soil

Sample and source description: Soil

Sample date: 05/29/2023 Source of analysis: Lab analysis

	Nitrate-N (mg/kg)	Total P (mg/kg)	Soluble P (mg/kg)	K (mg/kg)	EC (µmhos/cm)	Organic matter (%)	Total salt (mg/kg)
Value			90.00				
DL			4.00				

RRD Ranch

Soil

Sample and source description: Soil

Sample date: 10/06/2023 Source of analysis: Lab analysis

	Nitrate-N (mg/kg)	Total P (mg/kg)	Soluble P (mg/kg)	K (mg/kg)	EC (µmhos/cm)	Organic matter (%)	Total salt (mg/kg)
Value			45.00				
DL			4.00				

Soil

Sample and source description: Soil

Sample date: 10/06/2023 Source of analysis: Lab analysis

	Nitrate-N (mg/kg)	Total P (mg/kg)	Soluble P (mg/kg)	K (mg/kg)	EC (µmhos/cm)	Organic matter (%)	Total salt (mg/kg)
Value		48.00					
DL		4.00					

RRD Ranch

Soil

Sample and source description: Soil

Sample date: 10/06/2023 Source of analysis: Lab analysis

	Nitrate-N (mg/kg)	Total P (mg/kg)	Soluble P (mg/kg)	K (mg/kg)	EC (µmhos/cm)	Organic matter (%)	Total salt (mg/kg)
Value			72.00				
DL			4.00				

Soil

Sample and source description: Soil

Sample date: 10/06/2023 Source of analysis: Lab analysis

	Nitrate-N (mg/kg)	Total P (mg/kg)	Soluble P (mg/kg)	K (mg/kg)	EC (µmhos/cm)	Organic matter (%)	Total salt (mg/kg)
Value			8.00				
DL			4.00				

Soil

Sample and source description: Soil

Sample date: 10/06/2023 Source of analysis: Lab analysis

	Nitrate-N (mg/kg)	Total P (mg/kg)	Soluble P (mg/kg)	K (mg/kg)	EC (µmhos/cm)	Organic matter (%)	Total salt (mg/kg)
Value			32.00				
DL			4.00				

SE Big Bottom

SE Big Bottom

Soil

Sample and source description: Soil

Sample date: 10/06/2023 Source of analysis: Lab analysis

	Nitrate-N (mg/kg)	Total P (mg/kg)	Soluble P (mg/kg)	K (mg/kg)	EC (µmhos/cm)	Organic matter (%)	Total salt (mg/kg)
Value			16.00				
DL			4.00				

Van Ranch

Soil

Sample and source description: Soil

Sample date: 06/12/2023 Source of analysis: Lab analysis

	Nitrate-N (mg/kg)	Total P (mg/kg)	Soluble P (mg/kg)	K (mg/kg)	EC (µmhos/cm)	Organic matter (%)	Total salt (mg/kg)
Value			322.00				
DL			4.00				

W Big Bottom

Soil

Sample and source description: Soil

Sample date: 05/29/2023 Source of analysis: Lab analysis

	Nitrate-N (mg/kg)	Total P (mg/kg)	Soluble P (mg/kg)	K (mg/kg)	EC (µmhos/cm)	Organic matter (%)	Total salt (mg/kg)
Value			85.00				
DL			4.00				

West Orestimba

West Orestimba

Soil

Sample and source description: Soil

Sample date: 10/06/2023 Source of analysis: Lab analysis

	Nitrate-N (mg/kg)	Total P (mg/kg)	Soluble P (mg/kg)	K (mg/kg)	EC (µmhos/cm)	Organic matter (%)	Total salt (mg/kg)
Value			20.00				
DL			4.00				

E. PLANT TISSUE ANALYSES

700 Ranch - 01/01/2023: Almond, in shell

Almonds

Sample and source description: Almonds

Sample date: 12/31/2023 Source of analysis: Lab analysis Method of reporting: As-is

Moisture: 10.0 %

	Total N (mg/kg)	Total P (mg/kg)	Total K (mg/kg)	Total salt (mg/kg)	TFS (%)
Value	65,000.00	11,000.00	70,500.00		0.00
DL	100.00	100.00	100.00		0.01

AJ 7 - 10/25/2022: Oats, silage-soft dough

Winter Forage

Sample and source description: Winter Forage

Sample date: 06/08/2023 Source of analysis: Lab analysis Method of reporting: As-is

Moisture: 56.8 %

	Total N (mg/kg)	Total P (mg/kg)	Total K (mg/kg)	Total salt (mg/kg)	TFS (%)
Value	3,800.00	300.00	4,000.00		8.58
DL	100.00	100.00	100.00		0.01

AJ Beef - 11/17/2022: Oats, silage-soft dough

Winter Forage

Sample and source description: Winter Forage

Sample date: 06/08/2023 Source of analysis: Lab analysis Method of reporting: As-is

Moisture: 56.8 %

	Total N (mg/kg)	Total P (mg/kg)	Total K (mg/kg)	Total salt (mg/kg)	TFS (%)
Value	3,800.00	300.00	4,000.00		8.58
DL	100.00	100.00	100.00		0.01

AJ Beef - 06/26/2023: Corn, silage

Corn Silage

Sample and source description: Corn Silage

Sample date: 11/17/2023 Source of analysis: Lab analysis Method of reporting: As-is

Moisture: 81.4 %

	Total N (mg/kg)	Total P (mg/kg)	Total K (mg/kg)	Total salt (mg/kg)	TFS (%)
Value	3,000.00	300.00	2,500.00		7.53
DL	100.00	100.00	100.00		0.01

AJ Blow Rd - 10/05/2022: Rye Grass Silage

Winter Forage

Sample and source description: Winter Forage

Sample date: 06/08/2023 Source of analysis: Lab analysis Method of reporting: As-is

Moisture: 56.8 %

	Total N (mg/kg)	Total P (mg/kg)	Total K (mg/kg)	Total salt (mg/kg)	TFS (%)
Value	3,800.00	300.00	4,000.00		8.58
DL	100.00	100.00	100.00		0.01

AJ Blow Rd - 06/23/2023: Corn, silage

Corn Silage

Sample and source description: Corn Silage

Sample date: 11/17/2023 Source of analysis: Lab analysis Method of reporting: As-is

Moisture: 81.4 %

	Total N (mg/kg)	Total P (mg/kg)	Total K (mg/kg)	Total salt (mg/kg)	TFS (%)
Value	3,000.00	300.00	2,500.00		7.53
DL	100.00	100.00	100.00		0.01

AJ D East - 10/05/2022: Rye Grass Silage

Winter Forage

Sample and source description: Winter Forage

Sample date: 06/08/2023 Source of analysis: Lab analysis Method of reporting: As-is

Moisture: 57.0 %

	Total N (mg/kg)	Total P (mg/kg)	Total K (mg/kg)	Total salt (mg/kg)	TFS (%)
Value	3,700.00	300.00	3,800.00		10.30
DL	100.00	100.00	100.00		0.01

AJ D East - 06/22/2023: Corn, silage

Corn Silage

Sample and source description: Corn Silage

Sample date: 11/17/2023 Source of analysis: Lab analysis Method of reporting: As-is

Moisture: 75.4 %

	Total N (mg/kg)	Total P (mg/kg)	Total K (mg/kg)	Total salt (mg/kg)	TFS (%)
Value	3,200.00	500.00	4,100.00		8.99
DL	100.00	100.00	100.00		0.01

AJ D North - 01/01/2023: Alfalfa, hay

Alfalfa

Sample and source description: Alfalfa

Sample date: 08/01/2023 Source of analysis: Lab analysis Method of reporting: As-is

Moisture: 12.8 %

	Total N (mg/kg)	Total P (mg/kg)	Total K (mg/kg)	Total salt (mg/kg)	TFS (%)
Value	20,800.00	2,700.00	11,300.00		8.90
DL	100.00	100.00	100.00		0.01

AJ D West - 10/28/2022: Oats, silage-soft dough

Winter Forage

Sample and source description: Winter Forage

Sample date: 06/08/2023 Source of analysis: Lab analysis Method of reporting: As-is

Moisture: 57.0 %

	Total N (mg/kg)	Total P (mg/kg)	Total K (mg/kg)	Total salt (mg/kg)	TFS (%)
Value	3,700.00	300.00	3,800.00		10.30
DL	100.00	100.00	100.00		0.01

AJ D West - 06/29/2023: Corn, silage

Corn Silage

Sample and source description: Corn Silage

Sample date: 11/17/2023 Source of analysis: Lab analysis Method of reporting: As-is

Moisture: 75.4 %

	Total N (mg/kg)	Total P (mg/kg)	Total K (mg/kg)	Total salt (mg/kg)	TFS (%)
Value	3,200.00	500.00	4,100.00		8.99
DL	100.00	100.00	100.00		0.01

AJ R Racks - 10/26/2022: Oats, silage-soft dough

Winter Forage

Sample and source description: Winter Forage
Sample date: 06/08/2023 Source of analysis: Lab analysis Method of reporting: As-is
Moisture: 48.8 %

	Total N (mg/kg)	Total P (mg/kg)	Total K (mg/kg)	Total salt (mg/kg)	TFS (%)
Value	9,200.00	600.00	5,500.00		8.69
DL	100.00	100.00	100.00		0.01

Winter Forage

Sample and source description: Winter Forage
Sample date: 06/08/2023 Source of analysis: Lab analysis Method of reporting: As-is
Moisture: 57.0 %

	Total N (mg/kg)	Total P (mg/kg)	Total K (mg/kg)	Total salt (mg/kg)	TFS (%)
Value	3,700.00	300.00	3,800.00		10.30
DL	100.00	100.00	100.00		0.01

AJ R Racks - 06/30/2023: Corn, silage

Corn Silage

Sample and source description: Corn Silage
Sample date: 11/17/2023 Source of analysis: Lab analysis Method of reporting: As-is
Moisture: 69.6 %

	Total N (mg/kg)	Total P (mg/kg)	Total K (mg/kg)	Total salt (mg/kg)	TFS (%)
Value	3,200.00	600.00	2,600.00		6.21
DL	100.00	100.00	100.00		0.01

AJ South - 06/05/2023: Corn, silage

AJ South - 06/05/2023: Corn, silage

Corn Silage

Sample and source description: Corn Silage

Sample date: 11/17/2023 Source of analysis: Lab analysis Method of reporting: As-is

Moisture: 69.6 %

	Total N (mg/kg)	Total P (mg/kg)	Total K (mg/kg)	Total salt (mg/kg)	TFS (%)
Value	3,200.00	600.00	2,600.00		6.21
DL	100.00	100.00	100.00		0.01

Big Bottom - 01/01/2023: Alfalfa, hay

Alfalfa

Sample and source description: Alfalfa

Sample date: 08/01/2023 Source of analysis: Lab analysis Method of reporting: As-is

Moisture: 9.9 %

	Total N (mg/kg)	Total P (mg/kg)	Total K (mg/kg)	Total salt (mg/kg)	TFS (%)
Value	32,200.00	2,200.00	17,600.00		9.00
DL	100.00	100.00	100.00		0.01

Borges - 01/01/2023: Almond, in shell

Almonds

Sample and source description: Almonds

Sample date: 12/31/2023 Source of analysis: Lab analysis Method of reporting: As-is

Moisture: 10.0 %

	Total N (mg/kg)	Total P (mg/kg)	Total K (mg/kg)	Total salt (mg/kg)	TFS (%)
Value	65,000.00	11,000.00	70,500.00		0.00
DL	100.00	100.00	100.00		0.01

Fremont - 10/27/2022: Oats, silage-soft dough

Winter Forage

Sample and source description: Winter Forage

Sample date: 06/08/2023 Source of analysis: Lab analysis Method of reporting: As-is

Moisture: 74.6 %

	Total N (mg/kg)	Total P (mg/kg)	Total K (mg/kg)	Total salt (mg/kg)	TFS (%)
Value	3,800.00	700.00	6,100.00		13.10
DL	100.00	100.00	100.00		0.01

Fremont - 05/31/2023: Corn, silage

Corn Silage

Sample and source description: Corn Silage

Sample date: 11/17/2023 Source of analysis: Lab analysis Method of reporting: As-is

Moisture: 81.4 %

	Total N (mg/kg)	Total P (mg/kg)	Total K (mg/kg)	Total salt (mg/kg)	TFS (%)
Value	3,000.00	300.00	2,500.00		7.53
DL	100.00	100.00	100.00		0.01

Gette 3 - 10/19/2022: Oats, silage-soft dough

Winter Forage

Sample and source description: Winter Forage

Sample date: 06/08/2023 Source of analysis: Lab analysis Method of reporting: As-is

Moisture: 73.2 %

	Total N (mg/kg)	Total P (mg/kg)	Total K (mg/kg)	Total salt (mg/kg)	TFS (%)
Value	3,700.00	800.00	6,700.00		12.60
DL	100.00	100.00	100.00		0.01

Gette 3 - 07/01/2023: Corn, silage

Corn Silage

Sample and source description: Corn Silage

Sample date: 11/17/2023 Source of analysis: Lab analysis Method of reporting: As-is

Moisture: 73.6 %

	Total N (mg/kg)	Total P (mg/kg)	Total K (mg/kg)	Total salt (mg/kg)	TFS (%)
Value	3,300.00	400.00	2,800.00		6.97
DL	100.00	100.00	100.00		0.01

Gette 4 - 10/20/2022: Oats, silage-soft dough

Winter Forage

Sample and source description: Winter Forage

Sample date: 06/08/2023 Source of analysis: Lab analysis Method of reporting: As-is

Moisture: 73.2 %

	Total N (mg/kg)	Total P (mg/kg)	Total K (mg/kg)	Total salt (mg/kg)	TFS (%)
Value	3,700.00	800.00	6,700.00		12.60
DL	100.00	100.00	100.00		0.01

Gette 4 - 06/30/2023: Corn, silage

Corn Silage

Sample and source description: Corn Silage

Sample date: 11/17/2023 Source of analysis: Lab analysis Method of reporting: As-is

Moisture: 73.6 %

	Total N (mg/kg)	Total P (mg/kg)	Total K (mg/kg)	Total salt (mg/kg)	TFS (%)
Value	3,300.00	400.00	2,800.00		6.97
DL	100.00	100.00	100.00		0.01

Hatfield Ranch - 01/01/2023: Almond, in shell

Almonds

Sample and source description: Almonds

Sample date: 12/31/2023 Source of analysis: Lab analysis Method of reporting: As-is

Moisture: 10.0 %

	Total N (mg/kg)	Total P (mg/kg)	Total K (mg/kg)	Total salt (mg/kg)	TFS (%)
Value	65,000.00	11,000.00	70,500.00		0.00
DL	100.00	100.00	100.00		0.01

Hawkins Ranch - 01/01/2023: Almond, in shell

Almonds

Sample and source description: Almonds

Sample date: 12/31/2023 Source of analysis: Lab analysis Method of reporting: As-is

Moisture: 10.0 %

	Total N (mg/kg)	Total P (mg/kg)	Total K (mg/kg)	Total salt (mg/kg)	TFS (%)
Value	65,000.00	11,000.00	70,500.00		0.00
DL	100.00	100.00	100.00		0.01

Home Ranch - 01/01/2023: Almond, in shell

Almonds

Sample and source description: Almonds

Sample date: 12/31/2023 Source of analysis: Lab analysis Method of reporting: As-is

Moisture: 10.0 %

	Total N (mg/kg)	Total P (mg/kg)	Total K (mg/kg)	Total salt (mg/kg)	TFS (%)
Value	65,000.00	11,000.00	70,500.00		0.00
DL	100.00	100.00	100.00		0.01

Judith - 01/01/2023: Alfalfa, hay

Alfalfa

Sample and source description: Alfalfa

Sample date: 08/01/2023 Source of analysis: Lab analysis Method of reporting: As-is

Moisture: 8.8 %

	Total N (mg/kg)	Total P (mg/kg)	Total K (mg/kg)	Total salt (mg/kg)	TFS (%)
Value	29,200.00	2,600.00	28,900.00		11.10
DL	100.00	100.00	100.00		0.01

NW Pike - 11/25/2022: Oats, silage-soft dough

Winter Forage

Sample and source description: Winter Forage

Sample date: 06/08/2023 Source of analysis: Lab analysis Method of reporting: As-is

Moisture: 64.8 %

	Total N (mg/kg)	Total P (mg/kg)	Total K (mg/kg)	Total salt (mg/kg)	TFS (%)
Value	3,700.00	700.00	3,700.00		7.93
DL	100.00	100.00	100.00		0.01

Winter Forage

Sample and source description: Winter Forage

Sample date: 06/08/2023 Source of analysis: Lab analysis Method of reporting: As-is

Moisture: 58.2 %

	Total N (mg/kg)	Total P (mg/kg)	Total K (mg/kg)	Total salt (mg/kg)	TFS (%)
Value	3,400.00	1,000.00	6,600.00		8.66
DL	100.00	100.00	100.00		0.01

NW Pike - 07/11/2023: Corn, silage

NW Pike - 07/11/2023: Corn, silage

Corn Silage

Sample and source description: Corn Silage

Sample date: 11/17/2023 Source of analysis: Lab analysis Method of reporting: As-is

Moisture: 74.0 %

	Total N (mg/kg)	Total P (mg/kg)	Total K (mg/kg)	Total salt (mg/kg)	TFS (%)
Value	3,700.00	500.00	2,700.00		6.66
DL	100.00	100.00	100.00		0.01

Purdy Carry - 11/25/2022: Oats, silage-soft dough

Winter Forage

Sample and source description: Winter Forage

Sample date: 06/08/2023 Source of analysis: Lab analysis Method of reporting: As-is

Moisture: 58.2 %

	Total N (mg/kg)	Total P (mg/kg)	Total K (mg/kg)	Total salt (mg/kg)	TFS (%)
Value	3,400.00	1,000.00	6,600.00		8.66
DL	100.00	100.00	100.00		0.01

RRD Ranch - 01/01/2023: Almond, in shell

Almonds

Sample and source description: Almonds

Sample date: 12/31/2023 Source of analysis: Lab analysis Method of reporting: As-is

Moisture: 10.0 %

	Total N (mg/kg)	Total P (mg/kg)	Total K (mg/kg)	Total salt (mg/kg)	TFS (%)
Value	65,000.00	11,000.00	70,500.00		0.00
DL	100.00	100.00	100.00		0.01

Telegraph AJ - 10/06/2022: Rye Grass Silage

Winter Forage

Sample and source description: Winter Forage

Sample date: 06/08/2023 Source of analysis: Lab analysis Method of reporting: As-is

Moisture: 77.6 %

	Total N (mg/kg)	Total P (mg/kg)	Total K (mg/kg)	Total salt (mg/kg)	TFS (%)
Value	3,500.00	700.00	5,600.00		14.40
DL	100.00	100.00	100.00		0.01

Telegraph AJ - 07/06/2023: Corn, silage

Corn Silage

Sample and source description: Corn Silage

Sample date: 11/17/2023 Source of analysis: Lab analysis Method of reporting: As-is

Moisture: 69.6 %

	Total N (mg/kg)	Total P (mg/kg)	Total K (mg/kg)	Total salt (mg/kg)	TFS (%)
Value	3,200.00	600.00	2,600.00		6.21
DL	100.00	100.00	100.00		0.01

Van Ranch - 10/06/2022: Oats, silage-soft dough

Winter Forage

Sample and source description: Winter Forage

Sample date: 06/08/2023 Source of analysis: Lab analysis Method of reporting: As-is

Moisture: 77.6 %

	Total N (mg/kg)	Total P (mg/kg)	Total K (mg/kg)	Total salt (mg/kg)	TFS (%)
Value	3,500.00	700.00	5,600.00		14.40
DL	100.00	100.00	100.00		0.01

Van Ranch - 06/28/2023: Corn, silage

Corn Silage

Sample and source description: Corn Silage

Sample date: 11/17/2023 Source of analysis: Lab analysis Method of reporting: As-is

Moisture: 81.4 %

	Total N (mg/kg)	Total P (mg/kg)	Total K (mg/kg)	Total salt (mg/kg)	TFS (%)
Value	3,000.00	300.00	2,500.00		7.53
DL	100.00	100.00	100.00		0.01

West Orestimba - 07/19/2023: Corn, silage

Corn Silage

Sample and source description: Corn Silage

Sample date: 11/17/2023 Source of analysis: Lab analysis Method of reporting: As-is

Moisture: 81.4 %

	Total N (mg/kg)	Total P (mg/kg)	Total K (mg/kg)	Total salt (mg/kg)	TFS (%)
Value	3,000.00	300.00	2,500.00		7.53
DL	100.00	100.00	100.00		0.01

Wilson Ranch - 07/19/2023: Sudangrass, silage

Sudan Silage

Sample and source description: Sudan Silage

Sample date: 11/17/2023 Source of analysis: Lab analysis Method of reporting: As-is

Moisture: 79.8 %

	Total N (mg/kg)	Total P (mg/kg)	Total K (mg/kg)	Total salt (mg/kg)	TFS (%)
Value	3,100.00	400.00	3,800.00		15.80
DL	100.00	100.00	100.00		0.01

Wilson Ranch - 07/19/2023: Sudangrass, silage

Sudan Silage

Sample and source description: Sudan Silage

Sample date: 11/17/2023 Source of analysis: Lab analysis Method of reporting: As-is

Moisture: 77.6 %

	Total N (mg/kg)	Total P (mg/kg)	Total K (mg/kg)	Total salt (mg/kg)	TFS (%)
Value	3,900.00	500.00	3,400.00		17.40
DL	100.00	100.00	100.00		0.01

F. SUBSURFACE (TILE) DRAINAGE ANALYSES

No subsurface (tile) drainage analyses entered.

NUTRIENT APPLICATIONS, POTENTIAL REMOVAL, AND BALANCE

A. SUMMARY OF NUTRIENT APPLICATIONS, POTENTIAL REMOVAL, AND BALANCE

	Total N (lbs)	Total P (lbs)	Total K (lbs)	Total salt (lbs)
Existing soil nutrient content	0.00	0.00	0.00	0.00
Plowdown credit	0.00	0.00	0.00	0.00
Commercial fertilizer / Other	417,436.50	89,532.00	34,818.00	0.00
Dry manure	164,518.09	32,316.30	113,171.07	1,421,776.80
Process wastewater	94,355.54	11,839.27	126,221.40	977,085.03
Fresh water	143,501.33	0.00	0.00	6,227,618.32
Atmospheric deposition	55,034.00	0.00	0.00	0.00
Total nutrients applied	874,845.45	133,687.56	274,210.47	8,626,480.15
Anticipated crop nutrient removal	921,289.60	127,690.60	798,206.00	0.00
Actual crop nutrient removal	906,453.57	132,329.90	920,495.37	3,094,047.27
Nutrient balance	-31,608.11	1,357.67	-646,284.90	5,532,432.88
Applied to removed ratio	0.97	1.01	0.30	2.79

B. POUNDS OF NUTRIENT APPLIED VS. CROP REMOVAL

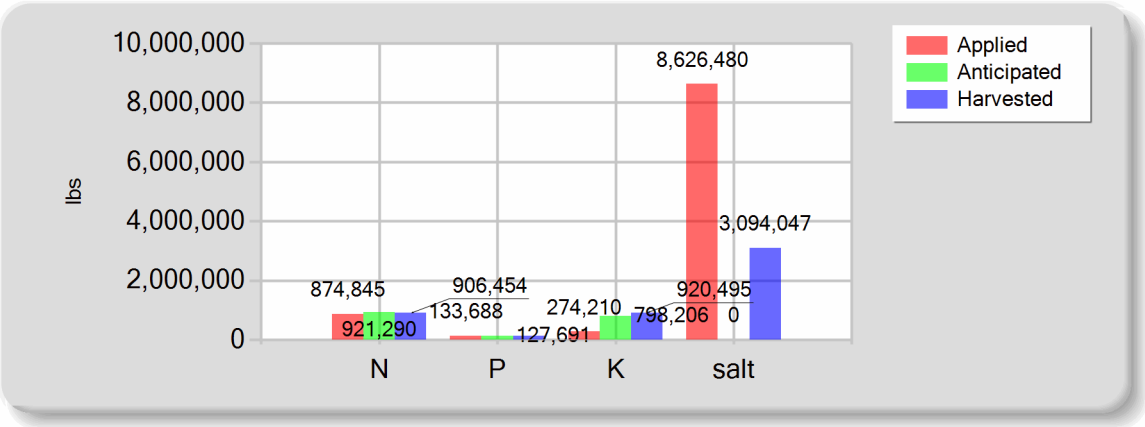

C. POUNDS OF NUTRIENT APPLIED BY MATERIAL TYPE

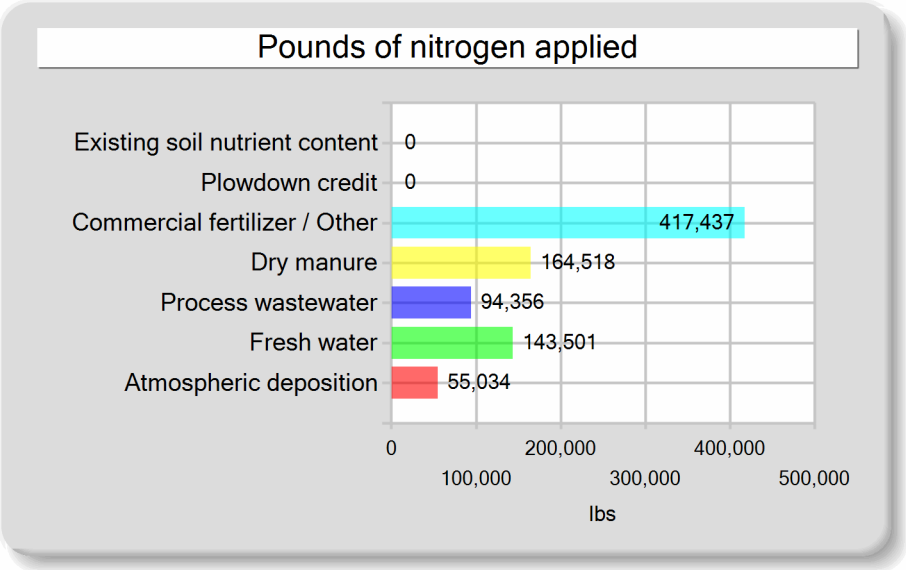

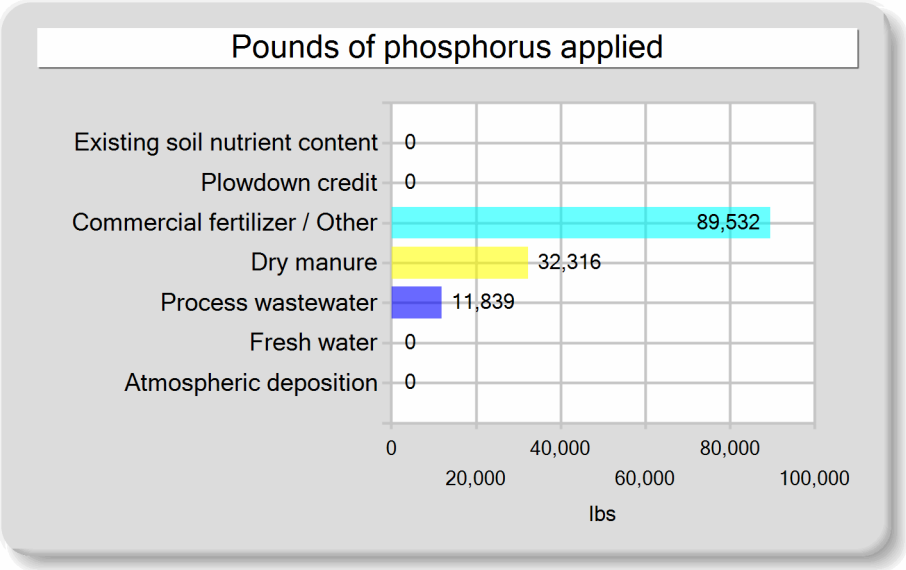

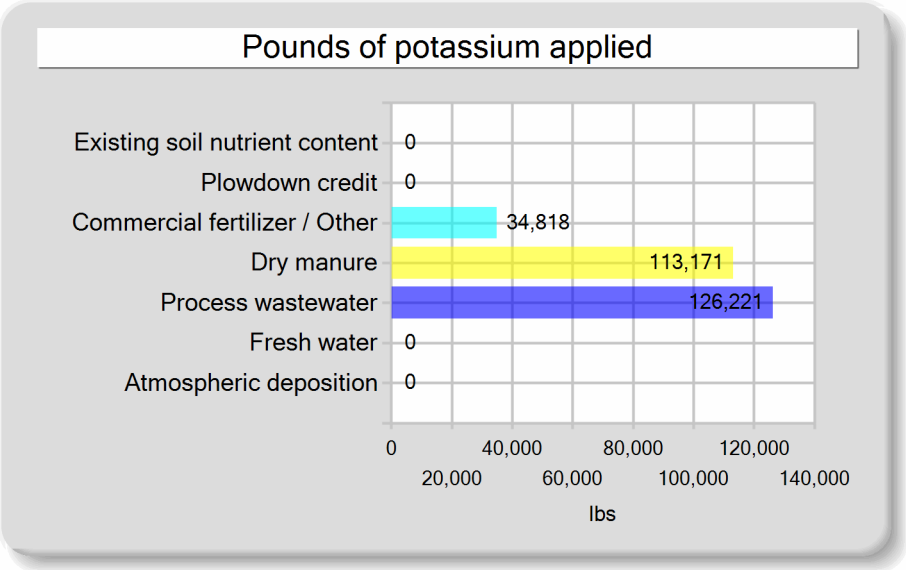

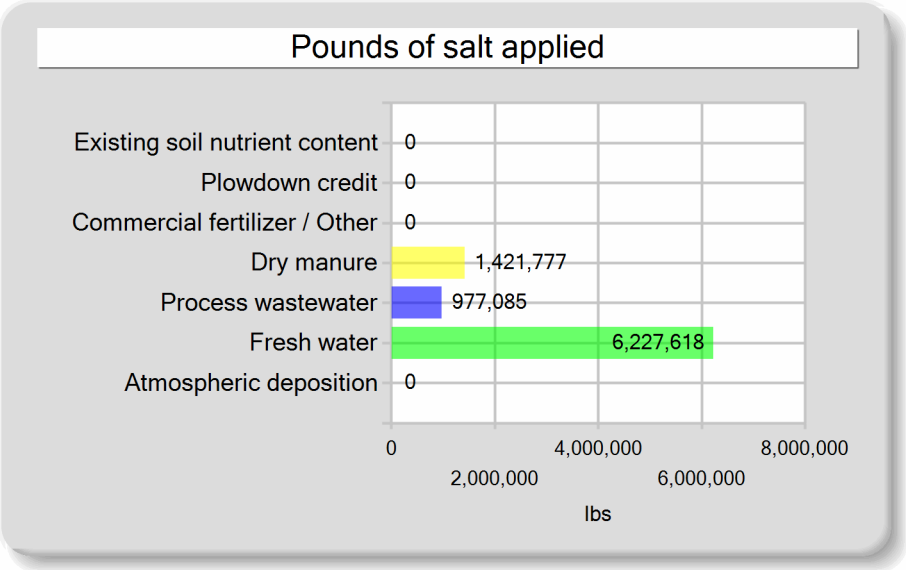

EXCEPTION REPORTING

A. MANURE, PROCESS WASTEWATER, AND OTHER DAIRY WASTE DISCHARGES

The following is a summary of all manure and process wastewater discharges from the production area to surface water or to land areas (land application areas or otherwise) when not in accordance with the facility's Nutrient Management Plan.

No manure or process wastewater discharges occurred during the reporting period.

B. STORM WATER DISCHARGES

The following is a summary of all storm water discharges from the production area to surface water during the reporting period when not in accordance with the facility 's Nutrient Management Plan.

No stormwater discharges occurred during the reporting period.

C. LAND APPLICATION AREA TO SURFACE WATER DISCHARGES

The following is a summary of all discharges from the land application area to surface water that have occurred during the reporting period when not in accordance with the facility's Nutrient Management Plan.

No land application area to surface water discharges occurred during the reporting period.

NUTRIENT MANAGEMENT PLAN AND EXPORT AGREEMENT STATEMENTS

A. NUTRIENT MANAGEMENT PLAN STATEMENTS

Was the facility's NMP updated in the reporting period?	Yes
Was the facility's NMP developed by a certified nutrient management planner (specialist) as specified in Attachment C of the General Order?	Yes
Was the facility's NMP approved by a certified nutrient management planner (specialist) as specified in Attachment C of the General Order?	Yes

B. EXPORT AGREEMENT STATEMENT

Are there any written agreements with third parties to receive manure or process wastewater that are new or were revised within the reporting period?	No

ADDITIONAL NOTES

A. NOTES

Lower than anticipated nitrogen removal (6.92-7.09 lbs of nitrogen removed per ton vs 10 lbs of nitrogen anticipated) resulted in fields Purdy Carry, Telegraph AJ and Van Ranch Winter Forage to exceed the 1.4 field threshold.

Fields AJ D East and AJ South corn silage had lower than anticipated nitrogen removal (6.5-6.57 lbs of nitrogen removed per ton vs 8 lbs of nitrogen anticipated) resulted in these fields being above the 1.4 requirement.

Field Purdy S, E & W Purdy and East Orestimba was left fallow in 2023.

West Orestimba and Wilson Ranch were left fallow during the winter forage crop.

Purdy Carry was left fallow during corn season.

Center Pike, East Pike, Kevin, North Goss, South Goss, SE Big Bottom, SW Pike, Tabor, W. Big Bottom and West Pike were rented out to a third party in 2023.

CERTIFICATION

A. OWNER AND/OR OPERATOR CERTIFICATION

I certify under penalty of law that I have personally examined and am familiar with the information submitted in this document and all attachments and that, based on my inquiry of those individuals immediately responsible for obtaining the information, I believe that the information is true, accurate, and complete. I am aware that there are significant penalties for submitting false information, including the possibility of fine and imprisonment.

Sean Kelley Sean Kelley (Jun 12, 2024 16:01 PDT)	Sean Kelley Sean Kelley (Jun 12, 2024 16:01 PDT)
SIGNATURE OF OWNER OF FACILITY	SIGNATURE OF OPERATOR OF FACILITY
Sean Kelley	SAME AS OWNER
PRINT OR TYPE NAME	PRINT OR TYPE NAME
Jun 12, 2024	Jun 12, 2024
DATE	DATE

Annual Report - General Order No. R5-2007-0035
Reporting period 01/01/2023 to 12/31/2023.

ATTACHMENTS

A. REQUIRED ATTACHMENTS

The following lists the required documents that should be attached to the Annual Report when submitted .

Annual Dairy Facility Assessment
Provide an Annual Dairy Facility Assessment (an update to the Preliminary Dairy Facility Assessment in Attachment A) for each reporting period. On the PDFA Final page, click on the ADFA Report button to generate an ADFA report after updating information as needed .

Manure/Process Wastewater Tracking Manifests
Provide copies of all manure/process wastewater tracking manifests for the reporting period, signed by both the owner/operator and the hauler.

Corrective Actions Documents
Provide records documenting any corrective actions taken to correct deficiencies noted as a result of the inspections required in the Monitoring Requirements of the General Order. Deficiencies not corrected in 30 days must be accompanied by an explanation of the factors preventing immediate correction.

Groundwater Monitoring
Dischargers that monitor supply wells or subsurface (tile) drainage systems, or that have monitoring well systems must submit monitoring results as directed in the General Order, Groundwater Reporting Section starting on page MRP-13.

Storm Water Monitoring
Dischargers that are required to monitor storm water more frequently than required in the General Order must submit monitoring results as directed in the General Order, Storm Water Reporting Section on page MRP-14.

Denele Analytical, Inc.

865 South Kilroy Avenue Turlock, CA 95380
Phone (209) 634-9055 - Fax (209) 634-9057

www.denelelabs.com

40 N. East Street, Woodland, CA 95776
Phone (530) 666-9056 - Fax (530) 666-9058

Compliance Analysis Report

Customer
James J. Stevinson Corp.
P.O. Box 818
Newman, CA 95360

Grower

Consultant:
F & R Ag Services
2857 Geer Rd. Ste A
Turlock, CA 95382

PURCHASE ORDER:
RECEIVED DATE: 9/18/23 11:13 AM
SUBMITTED BY: Danny
ANALYZED DATE: 9/20/23

Irrigation/ Ground Water (H1)
SOURCE: Well Water

NOTES: Temperature was above qualifying at 14.0c

Sample ID	Lab ID	Analyte	Method Ref	Result	Units
DW SD5	T3261030A	Electrical Conductivity (EC)	EPA 120.1 and	1.70	mmhos/cm
		Nitrate Nitrogen (NO3-N)	EPA 353.2	< 0.140	mg/L
		Ammonia Nitrogen (NH3-N)	SM 4500-NH3 D,C	< 0.500	mg/L
		Soluble Salts (SALT-SOL)	Calculation	1090	mg/L

Laboratory Quality Control	LCS %	MS %	MSD %	RPD %
Ammonia Nitrogen (NH3-N)	98.4	98.8 (T3261030A)	95.2 (T3261030A)	3.70
Electrical Conductivity (EC)	99.4			1.24
Nitrate Nitrogen (NO3-N)	96.0	91.1 (T3261030A)	91.4 (T3261030A)	0.241

The warranty of Denele Analytical is limited to the accuracy of the analyses of the samples as received. Denele Analytical assumes no responsibility for which the customer uses our test results, nor liability for any other warranties, express or implied. These terms and conditions shall supercede any conflicting terms and conditions submitted on customer purchase orders or other forms submitted for work.

ELAP Certificate No.: 2714

Denele Analytical, Inc.

865 South Kilroy Avenue Turlock, CA 95380
Phone (209) 634-9055 - Fax (209) 634-9057

www.denelelabs.com

40 N. East Street, Woodland, CA 95776
Phone (530) 666-9056 - Fax (530) 666-9058

Compliance Analysis Report

Customer
James J. Stevinson Corp.
P.O. Box 818
Newman, CA 95360

Grower

Consultant:
F & R Ag Services
2857 Geer Rd. Ste A
Turlock, CA 95382

PURCHASE ORDER:
RECEIVED DATE: 9/18/23 11:13 AM
SUBMITTED BY: Danny
ANALYZED DATE: 9/20/23

Irrigation/ Ground Water (H1)
SOURCE: Well Water

NOTES: Temperature was above qualifying at 14.6c

Sample ID	Lab ID	Analyte	Method Ref	Result	Units
DW SD6	T3261030B	Electrical Conductivity (EC)	EPA 120.1 and	1.86	mmhos/cm
		Nitrate Nitrogen (NO3-N)	EPA 353.2	< 0.140	mg/L
		Ammonia Nitrogen (NH3-N)	SM 4500-NH3 D,C	< 0.500	mg/L
		Soluble Salts (SALT-SOL)	Calculation	1190	mg/L

Laboratory Quality Control	LCS %	MS %	MSD %	RPD %
Ammonia Nitrogen (NH3-N)	98.4	98.8 (T3261030A)	95.2 (T3261030A)	3.70
Electrical Conductivity (EC)	99.4			1.24
Nitrate Nitrogen (NO3-N)	96.0	91.1 (T3261030A)	91.4 (T3261030A)	0.241

The warranty of Denele Analytical is limited to the accuracy of the analyses of the samples as received. Denele Analytical assumes no responsibility for which the customer uses our test results, nor liability for any other warranties, express or implied. These terms and conditions shall supercede any conflicting terms and conditions submitted on customer purchase orders or other forms submitted for work.

ELAP Certificate No.: 2714

Denele Analytical, Inc.

865 South Kilroy Avenue Turlock, CA 95380
Phone (209) 634-9055 - Fax (209) 634-9057

40 N. East Street, Woodland, CA 95776
Phone (530) 666-9056 - Fax (530) 666-9058

www.denelelabs.com

Compliance Analysis Report

Customer
James J. Stevinson Corp.
P.O. Box 818
Newman, CA 95360

Grower

Consultant:
F & R Ag Services
2857 Geer Rd. Ste A
Turlock, CA 95382

PURCHASE ORDER:
RECEIVED DATE: 9/18/23 11:13 AM
SUBMITTED BY: Danny
ANALYZED DATE: 9/20/23

Irrigation/ Ground Water (H1)
SOURCE: Well Water

NOTES: Temperature was above qualifying at 14.0c

Sample ID	Lab ID	Analyte	Method Ref	Result	Units
Hawkins DW #1	T3261030C	Electrical Conductivity (EC)	EPA 120.1 and	1.92	mmhos/cm
		Nitrate Nitrogen (NO3-N)	EPA 353.2	< 0.140	mg/L
		Ammonia Nitrogen (NH3-N)	SM 4500-NH3 D,C	< 0.500	mg/L
		Soluble Salts (SALT-SOL)	Calculation	1230	mg/L

Laboratory Quality Control	LCS %	MS %	MSD %	RPD %
Ammonia Nitrogen (NH3-N)	98.4	98.8 (T3261030A)	95.2 (T3261030A)	3.70
Electrical Conductivity (EC)	99.4			1.24
Nitrate Nitrogen (NO3-N)	96.0	91.1 (T3261030A)	91.4 (T3261030A)	0.241

The warranty of Denele Analytical is limited to the accuracy of the analyses of the samples as received. Denele Analytical assumes no responsibility for which the customer uses our test results, nor liability for any other warranties, express or implied. These terms and conditions shall supercede any conflicting terms and conditions submitted on customer purchase orders or other forms submitted for work.

Denele Analytical, Inc.

865 South Kilroy Avenue Turlock, CA 95380
Phone (209) 634-9055 - Fax (209) 634-9057

www.denelelabs.com

40 N. East Street, Woodland, CA 95776
Phone (530) 666-9056 - Fax (530) 666-9058

Compliance Analysis Report

Customer
James J. Stevinson Corp.
P.O. Box 818
Newman, CA 95360

Grower

Consultant:
F & R Ag Services
2857 Geer Rd. Ste A
Turlock, CA 95382

PURCHASE ORDER:
RECEIVED DATE: 9/18/23 11:13 AM
SUBMITTED BY: Danny
ANALYZED DATE: 9/20/23

Irrigation/ Ground Water (H1)
SOURCE: Well Water

NOTES: Temperature was above qualifying at 14.2c

Sample ID	Lab ID	Analyte	Method Ref	Result	Units
Hawkins DW #2	T3261030D	Electrical Conductivity (EC)	EPA 120.1 and	1.74	mmhos/cm
		Nitrate Nitrogen (NO3-N)	EPA 353.2	< 0.140	mg/L
		Ammonia Nitrogen (NH3-N)	SM 4500-NH3 D,C	< 0.500	mg/L
		Soluble Salts (SALT-SOL)	Calculation	1110	mg/L

Laboratory Quality Control	LCS %	MS %	MSD %	RPD %
Ammonia Nitrogen (NH3-N)	98.4	98.8 (T3261030A)	95.2 (T3261030A)	3.70
Electrical Conductivity (EC)	99.4			1.24
Nitrate Nitrogen (NO3-N)	96.0	91.1 (T3261030A)	91.4 (T3261030A)	0.241

The warranty of Denele Analytical is limited to the accuracy of the analyses of the samples as received. Denele Analytical assumes no responsibility for which the customer uses our test results, nor liability for any other warranties, express or implied. These terms and conditions shall supercede any conflicting terms and conditions submitted on customer purchase orders or other forms submitted for work.

Denele Analytical, Inc.

865 South Kilroy Avenue Turlock, CA 95380
Phone (209) 634-9055 - Fax (209) 634-9057

www.denelelabs.com

40 N. East Street, Woodland, CA 95776
Phone (530) 666-9056 - Fax (530) 666-9058

Compliance Analysis Report

Customer
James J. Stevinson Corp.
P.O. Box 818
Newman, CA 95360

Grower

Consultant:
F & R Ag Services
2857 Geer Rd. Ste A
Turlock, CA 95382

PURCHASE ORDER:
RECEIVED DATE: 9/18/23 11:13 AM
SUBMITTED BY: Danny
ANALYZED DATE: 9/20/23

Irrigation/ Ground Water (H1)
SOURCE: Well Water

NOTES: Temperature was above qualifying at 13.0c

Sample ID	Lab ID	Analyte	Method Ref	Result	Units
OAJ DW #1	T3261030E	Electrical Conductivity (EC)	EPA 120.1 and	1.34	mmhos/cm
		Nitrate Nitrogen (NO3-N)	EPA 353.2	< 0.140	mg/L
		Ammonia Nitrogen (NH3-N)	SM 4500-NH3 D,C	< 0.500	mg/L
		Soluble Salts (SALT-SOL)	Calculation	857	mg/L

Laboratory Quality Control	LCS %	MS %	MSD %	RPD %
Ammonia Nitrogen (NH3-N)	98.4	98.8 (T3261030A)	95.2 (T3261030A)	3.70
Electrical Conductivity (EC)	99.4			1.24
Nitrate Nitrogen (NO3-N)	96.0	91.1 (T3261030A)	91.4 (T3261030A)	0.241

The warranty of Denele Analytical is limited to the accuracy of the analyses of the samples as received. Denele Analytical assumes no responsibility for which the customer uses our test results, nor liability for any other warranties, express or implied. These terms and conditions shall supercede any conflicting terms and conditions submitted on customer purchase orders or other forms submitted for work.

Denele Analytical, Inc.

865 South Kilroy Avenue Turlock, CA 95380
Phone (209) 634-9055 - Fax (209) 634-9057

www.denelelabs.com

40 N. East Street, Woodland, CA 95776
Phone (530) 666-9056 - Fax (530) 666-9058

Compliance Analysis Report

Customer
James J. Stevinson Corp.
P.O. Box 818
Newman, CA 95360

Grower

Consultant:
F & R Ag Services
2857 Geer Rd. Ste A
Turlock, CA 95382

PURCHASE ORDER:
RECEIVED DATE: 9/18/23 11:13 AM
SUBMITTED BY: Danny
ANALYZED DATE: 9/20/23

Irrigation/ Ground Water (H1)
SOURCE: Well Water

NOTES: Temperature was above qualifying at 13.8c

Sample ID	Lab ID	Analyte	Method Ref	Result	Units
OAJ DW #2	T3261030F	Electrical Conductivity (EC)	EPA 120.1 and	1.34	mmhos/cm
		Nitrate Nitrogen (NO3-N)	EPA 353.2	22.1	mg/L
		Ammonia Nitrogen (NH3-N)	SM 4500-NH3 D,C	< 0.500	mg/L
		Soluble Salts (SALT-SOL)	Calculation	856	mg/L

Laboratory Quality Control	LCS %	MS %	MSD %	RPD %
Ammonia Nitrogen (NH3-N)	98.4	98.8 (T3261030A)	95.2 (T3261030A)	3.70
Electrical Conductivity (EC)	99.4			1.24
Nitrate Nitrogen (NO3-N)	96.0	91.1 (T3261030A)	91.4 (T3261030A)	0.241

The warranty of Denele Analytical is limited to the accuracy of the analyses of the samples as received. Denele Analytical assumes no responsibility for which the customer uses our test results, nor liability for any other warranties, express or implied. These terms and conditions shall supercede any conflicting terms and conditions submitted on customer purchase orders or other forms submitted for work.

Denele Analytical, Inc.

865 South Kilroy Avenue Turlock, CA 95380
Phone (209) 634-9055 - Fax (209) 634-9057

www.denelelabs.com

40 N. East Street, Woodland, CA 95776
Phone (530) 666-9056 - Fax (530) 666-9058

Compliance Analysis Report

Customer
James J. Stevinson Corp.
P.O. Box 818
Newman, CA 95360

Grower

Consultant:
F & R Ag Services
2857 Geer Rd. Ste A
Turlock, CA 95382

PURCHASE ORDER:
RECEIVED DATE: 9/18/23 11:13 AM
SUBMITTED BY: Danny
ANALYZED DATE: 9/20/23

Irrigation/ Ground Water (H1)
SOURCE: Well Water

NOTES: Temperature was above qualifying at 14.6c

Sample ID	Lab ID	Analyte	Method Ref	Result	Units
O'Brien DW #1	T3261030G	Electrical Conductivity (EC)	EPA 120.1 and	1.29	mmhos/cm
		Nitrate Nitrogen (NO3-N)	EPA 353.2	< 0.140	mg/L
		Ammonia Nitrogen (NH3-N)	SM 4500-NH3 D,C	< 0.500	mg/L
		Soluble Salts (SALT-SOL)	Calculation	824	mg/L

Laboratory Quality Control	LCS %	MS %	MSD %	RPD %
Ammonia Nitrogen (NH3-N)	98.4	98.8 (T3261030A)	95.2 (T3261030A)	3.70
Electrical Conductivity (EC)	99.4			1.24
Nitrate Nitrogen (NO3-N)	96.0	91.1 (T3261030A)	91.4 (T3261030A)	0.241

The warranty of Denele Analytical is limited to the accuracy of the analyses of the samples as received. Denele Analytical assumes no responsibility for which the customer uses our test results, nor liability for any other warranties, express or implied. These terms and conditions shall supercede any conflicting terms and conditions submitted on customer purchase orders or other forms submitted for work.

DENELE ANALYTICAL, INC.

865 S. KILROY
TURLOCK, CA 95380

PH# 209-634-9055 FAX# 209-634-9057

DAIRY COMPLIANCE

Client: Sterman Corporation - James J.
Mailing address:
(not facility address)
Phone#:

Authorized Copy Released To: F & R
Sampled By: Danny
Project ID:

ANALYSIS TO BE COMPLETED:

IRRIGATION/GROUND WATER
- H1 EC*, NO3-N, NH4-N*
- H6 EC, TN, TDS
- H7 Combination of H1 & H6
- H14 EC, NO3-N, NH4-N, Ca, Mg, Na, Bicarb Carb, SO4, Cl, TDS

PROCESS WASTE WATER
- H3 EC*, NH4-N, TKN, TP, K, TDS
- H4 EC*, NO3-N, NH4-N, TKN, TP, K, TDS
- H5 Ca, Mg, Na, Bicarb, Carb, SO4, Cl
- H8 Combination of H3 &H5
- H9 Combination of H4 &H5

TILE DRAIN
- H2 EC*, NO3-N, TP, NH4-N*, TDS

** Required Field Measurement*

___ (Check here if performed)

DISCHARGE WATER
- E1 EC*, Temp*, pH*, NO3-N, NH4-N, TKN, TP, K, TDS, Dissolved Oxygen*, BOD 5, TSS, Total & Fecal Coliforms
- E2 EC,* Temp*, pH*, NO3-N, NH4-N*, Turbidity, TP, Dissolved Oxygen*, Total & Fecal Coliforms
- E3 EC*, Temp*, pH*, NO3-N, NH4-N*, TP, Total & Fecal Coliforms
- E4 EC*, Temp*, pH*, NO3-N, NH4-N*, Turbidity, TP, Total & Fecal Coliform

MANURE
- M1 % Moisture
- M3 TN TP, K, % Moisture
- M4 Ca, Mg, Na, Bicarb, Carb, SO4, Cl, Ash
- M7 Combination of M3 & M4

PLANT TISSUE
- F18 % Moisture, Ash, TN, P, K, DM and as received
- F18+ % Moisture, Ash, TN, P, K, DM and as received (Package also includes NIR DCAD)
- F19+ % Moisture, TN (Package includes complete plant tissue analysis)

SOIL
- K3 Soluble Phosphorus
- K4 1ft NO3, Organic Matter
- K5 Pre-Plant (2ft NO3), Fall (1-2ft NO3), Fall (2-3ft NO3)
- K6 0-1ft EC, NO3, Soluble P, K, Organic Matter
- K7 Combination of K3 & K4
- K8 Combination of K3 & K5

	Date Collected	Time Collected	Sample ID	Description	Temp	Well Purge	H1	H3	M3	F18	OTHER
1	9/12/23	11:45 am	DW SD5		14.0		X				
2	9/12/23	11:40 am	DW SD6		14.6						
3	9/12/23	11:15 am	Hawkins DW #1		14.0						
4	9/12/23	11:10 am	Hawkins DW #2		14.2						
5	9/12/23	11:30 am	OAS DW #1		13.0						
6	9/12/23	11:35 am	OAS DW #2		13.8						
7	9/12/23	1:15 pm	O'Brien DW #1		14.6						
8											
9											
10											

Analysis

CHAIN OF CUSTODY RECORDING

	Signature	Company	Received Date & Time	Relinquished Date & Time	Logged in By:	LABORATORY NUMBER
1st						
2nd		DENELE ANALYTICAL, INC.	9-18-23 11:13			T3261030

(LABORATORY USE ONLY)

Required to be submitted to any agency? (YES / NO)

Denele Analytical, Inc.

865 South Kilroy Avenue Turlock, CA 95380
Phone (209) 634-9055 - Fax (209) 634-9057

40 N. East Street, Woodland, CA 95776
Phone (530) 666-9056 - Fax (530) 666-9058

www.denelelabs.com

Compliance Analysis Report

Customer
James J. Stevinson Corp.
P.O. Box 818
Newman, CA 95360

Grower

Consultant:
F & R Ag Services
2857 Geer Rd. Ste A
Turlock, CA 95382

PURCHASE ORDER:
RECEIVED DATE: 9/18/23 11:13 AM
SUBMITTED BY: Danny
ANALYZED DATE: 9/20/23

Irrigation / Ground Water (H7)
SOURCE: Well Water

NOTES: Temperature was above qualifying at 15.0c

Sample ID	Lab ID	Analyte	Method Ref	Result	Units
S1-AJ	T3261031A	Electrical Conductivity (EC)	EPA 120.1 and	0.908	mmhos/cm
		Ammonia Nitrogen (NH3-N)	SM 4500-NH3 D,C	< 0.500	mg/L
		Nitrate Nitrogen (NO3-N)	EPA 353.2	0.151	mg/L
		Total Dissolved Solids (TDS)	SM 2540 C-1997 and	550	mg/L
		Total Nitrogen (TN)	SM 4500-NH3 D,C	2.95	mg/L
		Soluble Salts (SALT-SOL)	Calculation	581	mg/L

Laboratory Quality Control	LCS %	MS %	MSD %	Sample mg/L	Dup mg/L	RPD %
Ammonia Nitrogen (NH3-N)	98.4	98.8 (T3261030A)	95.2 (T3261030A)			3.70
Electrical Conductivity (EC)	99.4			1.70 (T3261030A)	1.68 (Dup)	1.24
Nitrate Nitrogen (NO3-N)	96.0	91.1 (T3261030A)	91.4 (T3261030A)			0.241
Total Dissolved Solids (TDS)	101			10.0 (T3262030A)	10.0 (Dup)	0.000
Total Nitrogen (TN)	98.6			2.80 (T3262030A)	2.80 (null)	0.000

The warranty of Denele Analytical is limited to the accuracy of the analyses of the samples as received. Denele Analytical assumes no responsibility for which the customer uses our test results, nor liability for any other warranties, express or implied. These terms and conditions shall supercede any conflicting terms and conditions submitted on customer purchase orders or other forms submitted for work.

ELAP Certificate No.: 2714

Denele Analytical, Inc.

865 South Kilroy Avenue Turlock, CA 95380
Phone (209) 634-9055 - Fax (209) 634-9057

40 N. East Street, Woodland, CA 95776
Phone (530) 666-9056 - Fax (530) 666-9058

www.denelelabs.com

Compliance Analysis Report

Customer
James J. Stevinson Corp.
P.O. Box 818
Newman, CA 95360

Grower

Consultant:
F & R Ag Services
2857 Geer Rd. Ste A
Turlock, CA 95382

PURCHASE ORDER:
RECEIVED DATE: 9/18/23 11:13 AM
SUBMITTED BY: Danny
ANALYZED DATE: 9/20/23

Irrigation / Ground Water (H7)
SOURCE: Well Water

NOTES: Temperature was above qualifying at 14.8c

Sample ID	Lab ID	Analyte	Method Ref	Result	Units
S2-RRD	T3261031B	Electrical Conductivity (EC)	EPA 120.1 and	0.992	mmhos/cm
		Ammonia Nitrogen (NH3-N)	SM 4500-NH3 D,C	< 0.500	mg/L
		Nitrate Nitrogen (NO3-N)	EPA 353.2	< 0.140	mg/L
		Total Dissolved Solids (TDS)	SM 2540 C-1997 and	555	mg/L
		Total Nitrogen (TN)	SM 4500-NH3 D,C	2.92	mg/L
		Soluble Salts (SALT-SOL)	Calculation	635	mg/L

Laboratory Quality Control	LCS %	MS %	MSD %	Sample mg/L	Dup mg/L	RPD %
Ammonia Nitrogen (NH3-N)	98.4	98.8 (T3261030A)	95.2 (T3261030A)			3.70
Electrical Conductivity (EC)	99.4			1.70 (T3261030A)	1.68 (Dup)	1.24
Nitrate Nitrogen (NO3-N)	96.0	91.1 (T3261030A)	91.4 (T3261030A)			0.241
Total Dissolved Solids (TDS)	101			10.0 (T3262030A)	10.0 (Dup)	0.000
Total Nitrogen (TN)	98.6			2.80 (T3262030A)	2.80 (null)	0.000

The warranty of Denele Analytical is limited to the accuracy of the analyses of the samples as received. Denele Analytical assumes no responsibility for which the customer uses our test results, nor liability for any other warranties, express or implied. These terms and conditions shall supercede any conflicting terms and conditions submitted on customer purchase orders or other forms submitted for work.

ELAP Certificate No.: 2714

Denele Analytical, Inc.

865 South Kilroy Avenue Turlock, CA 95380
Phone (209) 634-9055 - Fax (209) 634-9057

40 N. East Street, Woodland, CA 95776
Phone (530) 666-9056 - Fax (530) 666-9058

www.denelelabs.com

Compliance Analysis Report

Customer
James J. Stevinson Corp.
P.O. Box 818
Newman, CA 95360

Grower

Consultant:
F & R Ag Services
2857 Geer Rd. Ste A
Turlock, CA 95382

PURCHASE ORDER:
RECEIVED DATE: 9/18/23 11:13 AM
SUBMITTED BY: Danny
ANALYZED DATE: 9/20/23

Irrigation / Ground Water (H7)
SOURCE: Well Water

NOTES: Temperature was above qualifying at 15.6c

Sample ID	Lab ID	Analyte	Method Ref	Result	Units
S3-Hatfield	T3261031C	Electrical Conductivity (EC)	EPA 120.1 and	0.760	mmhos/cm
		Ammonia Nitrogen (NH3-N)	SM 4500-NH3 D,C	< 0.500	mg/L
		Nitrate Nitrogen (NO3-N)	EPA 353.2	10.7	mg/L
		Total Dissolved Solids (TDS)	SM 2540 C-1997 and	380	mg/L
		Total Nitrogen (TN)	SM 4500-NH3 D,C	13.5	mg/L
		Soluble Salts (SALT-SOL)	Calculation	487	mg/L

Laboratory Quality Control	LCS %	MS %	MSD %	Sample mg/L	Dup mg/L	RPD %
Ammonia Nitrogen (NH3-N)	98.4	98.8 (T3261030A)	95.2 (T3261030A)			3.70
Electrical Conductivity (EC)	99.4			1.70 (T3261030A)	1.68 (Dup)	1.24
Nitrate Nitrogen (NO3-N)	96.0	91.1 (T3261030A)	91.4 (T3261030A)			0.241
Total Dissolved Solids (TDS)	101			10.0 (T3262030A)	10.0 (Dup)	0.000
Total Nitrogen (TN)	98.6			2.80 (T3262030A)	2.80 (null)	0.000

The warranty of Denele Analytical is limited to the accuracy of the analyses of the samples as received. Denele Analytical assumes no responsibility for which the customer uses our test results, nor liability for any other warranties, express or implied. These terms and conditions shall supercede any conflicting terms and conditions submitted on customer purchase orders or other forms submitted for work.

Denele Analytical, Inc.

865 South Kilroy Avenue Turlock, CA 95380
Phone (209) 634-9055 - Fax (209) 634-9057

40 N. East Street, Woodland, CA 95776
Phone (530) 666-9056 - Fax (530) 666-9058

www.denelelabs.com

Compliance Analysis Report

Customer
James J. Stevinson Corp.
P.O. Box 818
Newman, CA 95360

Grower

Consultant:
F & R Ag Services
2857 Geer Rd. Ste A
Turlock, CA 95382

PURCHASE ORDER:
RECEIVED DATE: 9/18/23 11:13 AM
SUBMITTED BY: Danny
ANALYZED DATE: 9/20/23

Irrigation / Ground Water (H7)
SOURCE: Well Water

NOTES: Temperature was above qualifying at 14.6c

Sample ID	Lab ID	Analyte	Method Ref	Result	Units
S4-East Home Ranch	T3261031D	Electrical Conductivity (EC)	EPA 120.1 and	0.906	mmhos/cm
		Ammonia Nitrogen (NH3-N)	SM 4500-NH3 D,C	< 0.500	mg/L
		Nitrate Nitrogen (NO3-N)	EPA 353.2	< 0.140	mg/L
		Total Dissolved Solids (TDS)	SM 2540 C-1997 and	735	mg/L
		Total Nitrogen (TN)	SM 4500-NH3 D,C	2.83	mg/L
		Soluble Salts (SALT-SOL)	Calculation	580	mg/L

Laboratory Quality Control	LCS %	MS %	MSD %	Sample mg/L	Dup mg/L	RPD %
Ammonia Nitrogen (NH3-N)	98.4	98.8 (T3261030A)	95.2 (T3261030A)			3.70
Electrical Conductivity (EC)	99.4			1.70 (T3261030A)	1.68 (Dup)	1.24
Nitrate Nitrogen (NO3-N)	96.0	91.1 (T3261030A)	91.4 (T3261030A)			0.241
Total Dissolved Solids (TDS)	101			10.0 (T3262030A)	10.0 (Dup)	0.000
Total Nitrogen (TN)	98.6			2.80 (T3262030A)	2.80 (null)	0.000

The warranty of Denele Analytical is limited to the accuracy of the analyses of the samples as received. Denele Analytical assumes no responsibility for which the customer uses our test results, nor liability for any other warranties, express or implied. These terms and conditions shall supercede any conflicting terms and conditions submitted on customer purchase orders or other forms submitted for work.

ELAP Certificate No.: 2714

Denele Analytical, Inc.

865 South Kilroy Avenue Turlock, CA 95380
Phone (209) 634-9055 - Fax (209) 634-9057

40 N. East Street, Woodland, CA 95776
Phone (530) 666-9056 - Fax (530) 666-9058

www.denelelabs.com

Compliance Analysis Report

Customer
James J. Stevinson Corp.
P.O. Box 818
Newman, CA 95360

Grower

Consultant:
F & R Ag Services
2857 Geer Rd. Ste A
Turlock, CA 95382

PURCHASE ORDER:
RECEIVED DATE: 9/18/23 11:13 AM
SUBMITTED BY: Danny
ANALYZED DATE: 9/20/23

Irrigation / Ground Water (H7)
SOURCE: Well Water

NOTES: Temperature was above qualifying at 14.6c

Sample ID	Lab ID	Analyte	Method Ref	Result	Units
S5-Borba	T3261031E	Electrical Conductivity (EC)	EPA 120.1 and	1.11	mmhos/cm
		Ammonia Nitrogen (NH3-N)	SM 4500-NH3 D,C	< 0.500	mg/L
		Nitrate Nitrogen (NO3-N)	EPA 353.2	< 0.140	mg/L
		Total Dissolved Solids (TDS)	SM 2540 C-1997 and	520	mg/L
		Total Nitrogen (TN)	SM 4500-NH3 D,C	< 1.50	mg/L
		Soluble Salts (SALT-SOL)	Calculation	710	mg/L

Laboratory Quality Control	LCS %	MS %	MSD %	Sample mg/L	Dup mg/L	RPD %
Ammonia Nitrogen (NH3-N)	98.4	98.8 (T3261030A)	95.2 (T3261030A)			3.70
Electrical Conductivity (EC)	99.4			1.70 (T3261030A)	1.68 (Dup)	1.24
Nitrate Nitrogen (NO3-N)	96.0	91.1 (T3261030A)	91.4 (T3261030A)			0.241
Total Dissolved Solids (TDS)	101			10.0 (T3262030A)	10.0 (Dup)	0.000
Total Nitrogen (TN)	98.6			2.80 (T3262030A)	2.80 (null)	0.000

The warranty of Denele Analytical is limited to the accuracy of the analyses of the samples as received. Denele Analytical assumes no responsibility for which the customer uses our test results, nor liability for any other warranties, express or implied. These terms and conditions shall supercede any conflicting terms and conditions submitted on customer purchase orders or other forms submitted for work.

Denele Analytical, Inc.

865 South Kilroy Avenue Turlock, CA 95380
Phone (209) 634-9055 - Fax (209) 634-9057

40 N. East Street, Woodland, CA 95776
Phone (530) 666-9056 - Fax (530) 666-9058

www.denelelabs.com

Compliance Analysis Report

Customer
James J. Stevinson Corp.
P.O. Box 818
Newman, CA 95360

Grower

Consultant:
F & R Ag Services
2857 Geer Rd. Ste A
Turlock, CA 95382

PURCHASE ORDER:
RECEIVED DATE: 9/18/23 11:13 AM
SUBMITTED BY: Danny
ANALYZED DATE: 9/20/23

Irrigation / Ground Water (H7)
SOURCE: Well Water

NOTES: Temperature was above qualifying at 14.6c

Sample ID	Lab ID	Analyte	Method Ref	Result	Units
S6-Anchor J Facility	T3261031F	Electrical Conductivity (EC)	EPA 120.1 and	1.77	mmhos/cm
		Ammonia Nitrogen (NH3-N)	SM 4500-NH3 D,C	< 0.500	mg/L
		Nitrate Nitrogen (NO3-N)	EPA 353.2	11.9	mg/L
		Total Dissolved Solids (TDS)	SM 2540 C-1997 and	920	mg/L
		Total Nitrogen (TN)	SM 4500-NH3 D,C	14.7	mg/L
		Soluble Salts (SALT-SOL)	Calculation	1130	mg/L

Laboratory Quality Control	LCS %	MS %	MSD %	Sample mg/L	Dup mg/L	RPD %
Ammonia Nitrogen (NH3-N)	98.4	98.8 (T3261030A)	95.2 (T3261030A)			3.70
Electrical Conductivity (EC)	99.4			1.70 (T3261030A)	1.68 (Dup)	1.24
Nitrate Nitrogen (NO3-N)	96.0	91.1 (T3261030A)	91.4 (T3261030A)			0.241
Total Dissolved Solids (TDS)	101			10.0 (T3262030A)	10.0 (Dup)	0.000
Total Nitrogen (TN)	98.6			2.80 (T3262030A)	2.80 (null)	0.000

The warranty of Denele Analytical is limited to the accuracy of the analyses of the samples as received. Denele Analytical assumes no responsibility for which the customer uses our test results, nor liability for any other warranties, express or implied. These terms and conditions shall supercede any conflicting terms and conditions submitted on customer purchase orders or other forms submitted for work.

Denele Analytical, Inc.

865 South Kilroy Avenue Turlock, CA 95380
Phone (209) 634-9055 - Fax (209) 634-9057

40 N. East Street, Woodland, CA 95776
Phone (530) 666-9056 - Fax (530) 666-9058

www.denelelabs.com

Compliance Analysis Report

Customer
James J. Stevinson Corp.
P.O. Box 818
Newman, CA 95360

Grower

Consultant:
F & R Ag Services
2857 Geer Rd. Ste A
Turlock, CA 95382

PURCHASE ORDER:
RECEIVED DATE: 9/18/23 11:13 AM
SUBMITTED BY: Danny
ANALYZED DATE: 9/20/23

Irrigation / Ground Water (H7)
SOURCE: Well Water

NOTES: Temperature was above qualifying at 15.0c

Sample ID	Lab ID	Analyte	Method Ref	Result	Units
S7-Keaton/140	T3261031G	Electrical Conductivity (EC)	EPA 120.1 and	1.75	mmhos/cm
		Ammonia Nitrogen (NH3-N)	SM 4500-NH3 D,C	< 0.500	mg/L
		Nitrate Nitrogen (NO3-N)	EPA 353.2	4.78	mg/L
		Total Dissolved Solids (TDS)	SM 2540 C-1997 and	855	mg/L
		Total Nitrogen (TN)	SM 4500-NH3 D,C	4.78	mg/L
		Soluble Salts (SALT-SOL)	Calculation	1120	mg/L

Laboratory Quality Control	LCS %	MS %	MSD %	Sample mg/L	Dup mg/L	RPD %
Ammonia Nitrogen (NH3-N)	98.4	98.8 (T3261030A)	95.2 (T3261030A)			3.70
Electrical Conductivity (EC)	99.4			1.70 (T3261030A)	1.68 (Dup)	1.24
Nitrate Nitrogen (NO3-N)	96.0	91.1 (T3261030A)	91.4 (T3261030A)			0.241
Total Dissolved Solids (TDS)	101			10.0 (T3262030A)	10.0 (Dup)	0.000
Total Nitrogen (TN)	98.6			2.80 (T3262030A)	2.80 (null)	0.000

The warranty of Denele Analytical is limited to the accuracy of the analyses of the samples as received. Denele Analytical assumes no responsibility for which the customer uses our test results, nor liability for any other warranties, express or implied. These terms and conditions shall supercede any conflicting terms and conditions submitted on customer purchase orders or other forms submitted for work.

Denele Analytical, Inc.

865 South Kilroy Avenue Turlock, CA 95380
Phone (209) 634-9055 - Fax (209) 634-9057

40 N. East Street, Woodland, CA 95776
Phone (530) 666-9056 - Fax (530) 666-9058

www.denelelabs.com

Compliance Analysis Report

Customer
James J. Stevinson Corp.
P.O. Box 818
Newman, CA 95360

Grower

Consultant:
F & R Ag Services
2857 Geer Rd. Ste A
Turlock, CA 95382

PURCHASE ORDER:
RECEIVED DATE: 9/18/23 11:13 AM
SUBMITTED BY: Danny
ANALYZED DATE: 9/20/23

Irrigation / Ground Water (H7)
SOURCE: Well Water

NOTES: Temperature was above qualifying at 16.6c

Sample ID	Lab ID	Analyte	Method Ref	Result	Units
S8-Goss	T3261031H	Electrical Conductivity (EC)	EPA 120.1 and	1.87	mmhos/cm
		Ammonia Nitrogen (NH3-N)	SM 4500-NH3 D,C	< 0.500	mg/L
		Nitrate Nitrogen (NO3-N)	EPA 353.2	39.8	mg/L
		Total Dissolved Solids (TDS)	SM 2540 C-1997 and	935	mg/L
		Total Nitrogen (TN)	SM 4500-NH3 D,C	42.6	mg/L
		Soluble Salts (SALT-SOL)	Calculation	1200	mg/L

Laboratory Quality Control	LCS %	MS %	MSD %	Sample mg/L	Dup mg/L	RPD %
Ammonia Nitrogen (NH3-N)	98.4	98.8 (T3261030A)	95.2 (T3261030A)			3.70
Electrical Conductivity (EC)	99.4			1.70 (T3261030A)	1.68 (Dup)	1.24
Nitrate Nitrogen (NO3-N)	96.0	91.1 (T3261030A)	91.4 (T3261030A)			0.241
Total Dissolved Solids (TDS)	101			10.0 (T3262030A)	10.0 (Dup)	0.000
Total Nitrogen (TN)	98.6			2.80 (T3262030A)	2.80 (null)	0.000

The warranty of Denele Analytical is limited to the accuracy of the analyses of the samples as received. Denele Analytical assumes no responsibility for which the customer uses our test results, nor liability for any other warranties, express or implied. These terms and conditions shall supercede any conflicting terms and conditions submitted on customer purchase orders or other forms submitted for work.

DENELE ANALYTICAL, INC.

865 S. KILROY
TURLOCK, CA 95380

PH# 209-634-9055 FAX# 209-634-9057

DAIRY COMPLIANCE

Client: Stevinson Corporation - James J.
Mailing address:
(not facility address)
Phone#:

Authorized Copy Released To: F & R
Sampled By: Danny
Project ID:

ANALYSIS TO BE COMPLETED:

IRRIGATION/GROUND WATER
- H1 EC*, NO3-N, NH4-N*
- H6 EC, TN, TDS
- H7 Combination of H1 & H6
- H14 EC, NO3-N, NH4-N, Ca, Mg, Na, Bicarb Carb, SO4, Cl, TDS

PROCESS WASTE WATER
- H3 EC*, NH4-N, TKN, TP, K, TDS
- H4 EC*, NO3-N, NH4-N, TKN, TP, K, TDS
- H5 Ca, Mg, Na, Bicarb, Carb, SO4, Cl
- H8 Combination of H3 &H5
- H9 Combination of H4 &H5

TILE DRAIN
- H2 EC*, NO3-N, TP, NH4-N*, TDS

** Required Field Measurement*

___ (Check here if performed)

DISCHARGE WATER
- E1 EC*, Temp*, pH*, NO3-N, NH4-N, TKN, TP, K, TDS, Dissolved Oxygen*, BOD 5, TSS, Total & Fecal Coliforms
- E2 EC,* Temp*, pH*, NO3-N, NH4-N*, Turbidity, TP, Dissolved Oxygen*, Total & Fecal Coliforms
- E3 EC*, Temp*, pH*, NO3-N, NH4-N*, TP, Total & Fecal Coliforms
- E4 EC*, Temp*, pH*, NO3-N, NH4-N*, Turbidity, TP, Total & Fecal Coliform

MANURE
- M1 % Moisture
- M3 TN TP, K, % Moisture
- M4 Ca, Mg, Na, Bicarb, Carb, SO4, Cl, Ash
- M7 Combination of M3 & M4

PLANT TISSUE
- F18 % Moisture, Ash, TN, P, K, DM and as received
- F18+ % Moisture, Ash, TN, P, K, DM and as received (Package also includes NIR DCAD)
- F19+ % Moisture, TN (Package includes complete plant tissue analysis)

SOIL
- K3 Soluble Phosphorus
- K4 1ft NO3, Organic Matter
- K5 Pre-Plant (2ft NO3), Fall (1-2ft NO3), Fall (2-3ft NO3)
- K6 0-1ft EC, NO3, Soluble P, K, Organic Matter
- K7 Combination of K3 & K4
- K8 Combination of K3 & K5

	Date Collected	Time Collected	Sample ID	Description	Temp	Well Purge	Analysis: H1	H3	M3	F18	OTHER
1	9/11/23	1:25pm	S1 - AJ		15.0						H7
2	9/11/23	1:35pm	S2 - RRD		14.8						
3	9/11/23	1:40pm	S3 - Hatfield		15.6						
4	9/11/23	1:50pm	S4 - East Home Ranch		14.6						
5	9/11/23	1:55pm	S5 - Borba		14.6						
6	9/12/23	11:50am	S6 - Anchor J Facility		14.6						
7	9/11/23	2:30pm	S7 - Keaton/140		15.0						
8	9/12/23	1:30pm	S8 - Gross		16.6						
9											
10											

CHAIN OF CUSTODY RECORDING

	Signature	Company	Received Date & Time	Relinquished Date & Time	Logged in By:	LABORATORY NUMBER (LABORATORY USE ONLY)
1st						
2nd		DENELE ANALYTICAL, INC.	9-18-23 11:13			T3261031

Required to be submitted to any agency? (YES / NO)

2023 Annual Report-Anchor J

Final Audit Report 2024-06-12

Created:	2024-06-12
By:	Kristen Jones (kjones@fragservices.com)
Status:	Signed
Transaction ID:	CBJCHBCAABAA6b7CRcFIHutOsR29IS4ADh9wvlwGXpDM

"2023 Annual Report-Anchor J" History

Document created by Kristen Jones (kjones@fragservices.com)
2024-06-12 - 9:09:48 PM GMT

Document emailed to Sean Kelley (ssk@jjsranch.com) for signature
2024-06-12 - 9:10:35 PM GMT

Email viewed by Sean Kelley (ssk@jjsranch.com)
2024-06-12 - 11:01:29 PM GMT

Document e-signed by Sean Kelley (ssk@jjsranch.com)
Signature Date: 2024-06-12 - 11:01:43 PM GMT - Time Source: server

Agreement completed.
2024-06-12 - 11:01:43 PM GMT

Adobe Acrobat Sign