Annual Report - General Order No. R5-2007-0035
Reporting period 01/01/2023 to 12/31/2023.

DAIRY FACILITY INFORMATION

A. NAME OF DAIRY OR BUSINESS OPERATING THE DAIRY: DS Farms LP

Physical address of dairy:

Number and Street	City	County	Zip Code
24567 E Lone Tree RD	Escalon	San Joaquin	95320

Street and nearest cross street (if no address):

Date facility was originally placed in operation: 01/01/1945

Regional Water Quality Control Board Basin Plan designation: San Joaquin River Basin

County Assessor Parcel Number(s) for dairy facility:

X207-X350-X100-XXXX X229-X060-X010-XXXX

B. OPERATORS

DaSilva, Joe

Operator name: DaSilva, Joe

Telephone no.: (209) 000-0000 (Landline) (Cellular)

Mailing Address Number and Street	City	State	Zip Code
24666 Mariposa	Escalon	CA	95320

C. OWNERS

DaSilva, Joe

Legal owner name: DaSilva, Joe

Telephone no.: (209) 000-0000 (Landline) (Cellular)

Mailing Address Number and Street	City	State	Zip Code
24666 Mariposa	Escalon	CA	95320

DS, Farms

Legal owner name: DS, Farms

Telephone no.: (209) 000-0000 (Landline) (Cellular)

Mailing Address Number and Street	City	State	Zip Code
24666 Mariposa RD	Escalon	CA	95320

This owner is responsible for paying permit fees.

Annual Report - General Order No. R5-2007-0035
Reporting period 01/01/2023 to 12/31/2023.

AVAILABLE NUTRIENTS

A. HERD INFORMATION

	Milk Cows	Dry Cows	Bred Heifers (15-24 mo.)	Heifers (7-14 mo. to breeding)	Calves (4-6 mo.)	Calves (0-3 mo.)
Number open confinement	0	0	0	0	0	0
Number under roof	834	0	50	0	0	0
Maximum number	834	0	50	0	0	0
Average number	834	0	50	0	0	0
Avg live weight (lbs)	1,400	0	1,000	0		

Predominant milk cow breed: Holstein

Average milk production: 75 *pounds per cow per day*

B. MANURE GENERATED

Total manure excreted by the herd: 22,408.41 *tons per reporting period*

Total nitrogen from manure: 290,850.70 *lbs per reporting period*

After ammonia losses (30% loss applied): 203,595.49 *lbs per reporting period*

Total phosphorus from manure: 49,332.26 *lbs per reporting period*

Total potassium from manure: 162,458.39 *lbs per reporting period*

Total salt from manure: 392,688.90 *lbs per reporting period*

C. PROCESS WASTEWATER GENERATED

Process wastewater generated: 10,620,000 *gallons*

Total nitrogen generated: 22,282.15 *lbs*

Total phosphorus generated: 4,535.09 *lbs*

Total potassium generated: 22,886.00 *lbs*

Total salt generated: 139,244.67 *lbs*

	10,620,000	*gallons applied*
+	0	*gallons exported*
-	0	*gallons imported*
=	10,620,000	*gallons generated*

D. FRESH WATER SOURCES

Source Description	Type
Ag Well / Front	Ground water
Ag well/ Back	Ground water
Domestic Well / Dairy East	Ground water
Domestic Well/ Dads Well	Ground water
Domestic Well/ Dairy west	Ground water

E. SUBSURFACE (TILE) DRAINAGE SOURCES

No subsurface (tile) drainage sources entered.

F. NUTRIENT IMPORTS

No dry manure nutrient imports entered.

No process wastewater nutrient imports entered.

No commercial or other nutrient imports entered.

G. NUTRIENT EXPORTS

No solid nutrient exports entered.

No liquid nutrient exports entered.

APPLICATION AREA

A. LIST OF LAND APPLICATION AREAS

Field name	Controlled acres	Cropable acres	Total harvests	Type of waste applied	Parcel number
Field #1	40	40	2	both	X207-X350-X100-XXXX
Field #2	45	45	2	both	X207-X350-X010-XXXX
Field #3	50	50	2	both	X207-X350-X010-XXXX
Totals for areas that were used for application	135	135	6		
Totals for areas that were not used for application					
Land application area totals	135	135	6		

B. CROPS AND HARVESTS

Field #1

Field name: Field #1

11/11/2022: Oats, silage-soft dough

Crop: Oats, silage-soft dough Acres planted: 40 Plant date: 11/11/2022

Harvest date	Yield	Reporting basis	Density (lbs/cu ft)	Moisture (%)	N (mg/kg)	P (mg/kg)	K (mg/kg)	Salt (mg/kg)	TFS (%)
09/27/2023	720.00 *ton*	Dry-weight		69.3	8,910.00	926.00	9,190.00		13.70

	Yield (tons/acre)	Total N (lbs/acre)	Total P (lbs/acre)	Total K (lbs/acre)	Salt (lbs/acre)
Anticipated harvest content	16.00	160.00	25.60	132.80	0.00
Total actual harvest content	18.00	98.47	10.23	101.57	1,514.12

06/05/2023: Corn, silage

Crop: Corn, silage Acres planted: 40 Plant date: 06/05/2023

Harvest date	Yield	Reporting basis	Density (lbs/cu ft)	Moisture (%)	N (mg/kg)	P (mg/kg)	K (mg/kg)	Salt (mg/kg)	TFS (%)
09/27/2023	1,200.00 *ton*	Dry-weight		70.0	15,700.00	2,020.00	10,100.00		7.34

	Yield (tons/acre)	Total N (lbs/acre)	Total P (lbs/acre)	Total K (lbs/acre)	Salt (lbs/acre)
Anticipated harvest content	30.00	240.00	45.00	198.00	0.00
Total actual harvest content	30.00	282.60	36.36	181.80	1,321.20

Field #2

Field name: Field #2

11/11/2022: Oats, silage-soft dough

Crop: Oats, silage-soft dough Acres planted: 45 Plant date: 11/11/2022

Harvest date	Yield	Reporting basis	Density (lbs/cu ft)	Moisture (%)	N (mg/kg)	P (mg/kg)	K (mg/kg)	Salt (mg/kg)	TFS (%)
10/09/2023	810.00 *ton*	Dry-weight		65.5	7,030.00	671.00	6,170.00		11.00

	Yield (tons/acre)	Total N (lbs/acre)	Total P (lbs/acre)	Total K (lbs/acre)	Salt (lbs/acre)
Anticipated harvest content	16.00	160.00	25.60	132.80	0.00
Total actual harvest content	18.00	87.31	8.33	76.63	1,366.20

06/05/2023: Corn, silage

Crop: Corn, silage Acres planted: 45 Plant date: 06/05/2023

Harvest date	Yield	Reporting basis	Density (lbs/cu ft)	Moisture (%)	N (mg/kg)	P (mg/kg)	K (mg/kg)	Salt (mg/kg)	TFS (%)
10/09/2023	1,350.00 *ton*	Dry-weight		68.0	15,400.00	3,060.00	14,100.00		2.08

	Yield (tons/acre)	Total N (lbs/acre)	Total P (lbs/acre)	Total K (lbs/acre)	Salt (lbs/acre)
Anticipated harvest content	30.00	240.00	45.00	198.00	0.00
Total actual harvest content	30.00	295.68	58.75	270.72	399.36

Field #3

Field name: Field #3

11/11/2022: Oats, silage-soft dough

Crop: Oats, silage-soft dough Acres planted: 50 Plant date: 11/11/2022

Harvest date	Yield	Reporting basis	Density (lbs/cu ft)	Moisture (%)	N (mg/kg)	P (mg/kg)	K (mg/kg)	Salt (mg/kg)	TFS (%)
10/09/2023	900.00 *ton*	Dry-weight		50.9	14,500.00	1,600.00	15,800.00		11.90

	Yield (tons/acre)	Total N (lbs/acre)	Total P (lbs/acre)	Total K (lbs/acre)	Salt (lbs/acre)
Anticipated harvest content	16.00	160.00	25.60	132.80	0.00
Total actual harvest content	18.00	256.30	28.28	279.28	2,103.44

Field #3

06/07/2023: Corn, silage

Crop: Corn, silage Acres planted: 50 Plant date: 06/07/2023

Harvest date	Yield	Reporting basis	Density (lbs/cu ft)	Moisture (%)	N (mg/kg)	P (mg/kg)	K (mg/kg)	Salt (mg/kg)	TFS (%)
10/09/2023	1,500.00 *ton*	Dry-weight		70.7	15,700.00	2,730.00	10,200.00		1.99

	Yield (tons/acre)	Total N (lbs/acre)	Total P (lbs/acre)	Total K (lbs/acre)	Salt (lbs/acre)
Anticipated harvest content	30.00	240.00	45.00	198.00	0.00
Total actual harvest content	30.00	276.01	47.99	179.32	349.84

NUTRIENT BUDGET

A. LAND APPLICATIONS

Field #1 - 11/11/2022: Oats, silage-soft dough

Field name: Field #1

Crop: Oats, silage-soft dough — Plant date: 11/11/2022

Application date	Application method	Precipitation 24 hours prior	Precipitation during application	Precipitation 24 hours following
11/01/2022	Broadcast/incorporate	No precipitation	No precipitation	No precipitation

Source description	Material type	N (lbs/acre)	P (lbs/acre)	K (lbs/acre)	Salt (lbs/acre)	Amount
Manure	Corral solids	65.18	18.03	21.82	4,378.86	150.00 *ton*
Application event totals		65.18	18.03	21.82	4,378.86	

Application date	Application method	Precipitation 24 hours prior	Precipitation during application	Precipitation 24 hours following
11/15/2022	Surface (irrigation)	No precipitation	No precipitation	No precipitation

Source description	Material type	N (lbs/acre)	P (lbs/acre)	K (lbs/acre)	Salt (lbs/acre)	Amount
Lagoon Water	Process wastewater	36.55	5.16	20.73	190.27	240,000.00 *gal*
Ag Well / Front	Ground water	11.31	0.00	0.00	214.70	1,536,000.00 *gal*
Application event totals		47.86	5.16	20.73	404.97	

Application date	Application method	Precipitation 24 hours prior	Precipitation during application	Precipitation 24 hours following
02/10/2023	Surface (irrigation)	No precipitation	No precipitation	No precipitation

Source description	Material type	N (lbs/acre)	P (lbs/acre)	K (lbs/acre)	Salt (lbs/acre)	Amount
Ag Well / Front	Ground water	11.31	0.00	0.00	214.70	1,536,000.00 *gal*
Application event totals		11.31	0.00	0.00	214.70	

Field #1 - 06/05/2023: Corn, silage

Field name: Field #1

Crop: Corn, silage — Plant date: 06/05/2023

Application date	Application method	Precipitation 24 hours prior	Precipitation during application	Precipitation 24 hours following

Field #1 - 06/05/2023: Corn, silage

Application date	Application method	Precipitation 24 hours prior	Precipitation during application	Precipitation 24 hours following
05/22/2023	Surface (irrigation)	No precipitation	No precipitation	No precipitation

Source description	Material type	N (lbs/acre)	P (lbs/acre)	K (lbs/acre)	Salt (lbs/acre)	Amount
Lagoon Water	Process wastewater	39.00	10.39	39.00	261.62	1,140,000.00 *gal*
Ag Well / Front	Ground water	23.33	0.00	0.00	442.82	3,168,000.00 *gal*
Ag well/ Back	Ground water	22.54	0.00	0.00	482.47	3,168,000.00 *gal*
Application event totals		84.87	10.39	39.00	1,186.91	

07/05/2023	Surface (irrigation)	No precipitation	No precipitation	No precipitation

Source description	Material type	N (lbs/acre)	P (lbs/acre)	K (lbs/acre)	Salt (lbs/acre)	Amount
Ag Well / Front	Ground water	21.21	0.00	0.00	402.56	2,880,000.00 *gal*
Ag well/ Back	Ground water	20.49	0.00	0.00	438.61	2,880,000.00 *gal*
Application event totals		41.70	0.00	0.00	841.18	

07/15/2023	Surface (irrigation)	No precipitation	No precipitation	No precipitation

Source description	Material type	N (lbs/acre)	P (lbs/acre)	K (lbs/acre)	Salt (lbs/acre)	Amount
Ag Well / Front	Ground water	21.21	0.00	0.00	402.56	2,880,000.00 *gal*
Ag well/ Back	Ground water	20.49	0.00	0.00	438.61	2,880,000.00 *gal*
Application event totals		41.70	0.00	0.00	841.18	

07/25/2023	Surface (irrigation)	No precipitation	No precipitation	No precipitation

Source description	Material type	N (lbs/acre)	P (lbs/acre)	K (lbs/acre)	Salt (lbs/acre)	Amount
Lagoon Water	Process wastewater	41.06	10.94	41.06	275.39	1,200,000.00 *gal*
Ag Well / Front	Ground water	21.21	0.00	0.00	402.56	2,880,000.00 *gal*
Ag well/ Back	Ground water	20.49	0.00	0.00	438.61	2,880,000.00 *gal*
Application event totals		82.76	10.94	41.06	1,116.56	

08/04/2023	Surface (irrigation)	No precipitation	No precipitation	No precipitation

Source description	Material type	N (lbs/acre)	P (lbs/acre)	K (lbs/acre)	Salt (lbs/acre)	Amount
Ag Well / Front	Ground water	16.97	0.00	0.00	322.05	2,304,000.00 *gal*
Ag well/ Back	Ground water	16.39	0.00	0.00	350.89	2,304,000.00 *gal*
Application event totals		33.36	0.00	0.00	672.94	

Field #1 - 06/05/2023: Corn, silage

Application date	Application method	Precipitation 24 hours prior	Precipitation during application	Precipitation 24 hours following
08/14/2023	Surface (irrigation)	No precipitation	No precipitation	No precipitation

Source description	Material type	N (lbs/acre)	P (lbs/acre)	K (lbs/acre)	Salt (lbs/acre)	Amount
Ag Well / Front	Ground water	16.97	0.00	0.00	322.05	2,304,000.00 *gal*
Ag well/ Back	Ground water	16.39	0.00	0.00	350.89	2,304,000.00 *gal*
Application event totals		33.36	0.00	0.00	672.94	

Application date	Application method	Precipitation 24 hours prior	Precipitation during application	Precipitation 24 hours following
08/24/2023	Surface (irrigation)	No precipitation	No precipitation	No precipitation

Source description	Material type	N (lbs/acre)	P (lbs/acre)	K (lbs/acre)	Salt (lbs/acre)	Amount
Lagoon Water	Process wastewater	20.93	3.26	33.85	120.17	240,000.00 *gal*
Ag Well / Front	Ground water	12.73	0.00	0.00	241.54	1,728,000.00 *gal*
Ag well/ Back	Ground water	12.29	0.00	0.00	263.17	1,728,000.00 *gal*
Application event totals		45.95	3.26	33.85	624.87	

Application date	Application method	Precipitation 24 hours prior	Precipitation during application	Precipitation 24 hours following
09/03/2023	Surface (irrigation)	No precipitation	No precipitation	No precipitation

Source description	Material type	N (lbs/acre)	P (lbs/acre)	K (lbs/acre)	Salt (lbs/acre)	Amount
Ag Well / Front	Ground water	12.73	0.00	0.00	241.54	1,728,000.00 *gal*
Ag well/ Back	Ground water	12.29	0.00	0.00	263.17	1,728,000.00 *gal*
Application event totals		25.02	0.00	0.00	504.71	

Field #2 - 11/11/2022: Oats, silage-soft dough

Field name: Field #2

Crop: Oats, silage-soft dough Plant date: 11/11/2022

Application date	Application method	Precipitation 24 hours prior	Precipitation during application	Precipitation 24 hours following
11/01/2022	Broadcast/incorporate	No precipitation	No precipitation	No precipitation

Source description	Material type	N (lbs/acre)	P (lbs/acre)	K (lbs/acre)	Salt (lbs/acre)	Amount
Manure	Corral solids	57.94	16.03	19.40	3,892.32	150.00 *ton*
Application event totals		57.94	16.03	19.40	3,892.32	

Field #2 - 11/11/2022: Oats, silage-soft dough

Application date	Application method	Precipitation 24 hours prior	Precipitation during application	Precipitation 24 hours following
11/15/2022	Surface (irrigation)	No precipitation	No precipitation	No precipitation

Source description	Material type	N (lbs/acre)	P (lbs/acre)	K (lbs/acre)	Salt (lbs/acre)	Amount
Lagoon Water	Process wastewater	32.49	4.58	18.43	169.13	240,000.00 *gal*
Ag well/ Back	Ground water	10.93	0.00	0.00	233.93	1,728,000.00 *gal*
Application event totals		43.42	4.58	18.43	403.05	

02/20/2023	Surface (irrigation)	No precipitation	No precipitation	No precipitation

Source description	Material type	N (lbs/acre)	P (lbs/acre)	K (lbs/acre)	Salt (lbs/acre)	Amount
Ag well/ Back	Ground water	9.71	0.00	0.00	207.94	1,536,000.00 *gal*
Application event totals		9.71	0.00	0.00	207.94	

Field #2 - 06/05/2023: Corn, silage

Field name: Field #2

Crop: Corn, silage

Plant date: 06/05/2023

Application date	Application method	Precipitation 24 hours prior	Precipitation during application	Precipitation 24 hours following
05/24/2023	Surface (irrigation)	No precipitation	No precipitation	No precipitation

Source description	Material type	N (lbs/acre)	P (lbs/acre)	K (lbs/acre)	Salt (lbs/acre)	Amount
Lagoon Water	Process wastewater	36.50	9.72	36.50	244.79	1,200,000.00 *gal*
Ag Well / Front	Ground water	21.37	0.00	0.00	405.54	3,264,000.00 *gal*
Ag well/ Back	Ground water	20.64	0.00	0.00	441.86	3,264,000.00 *gal*
Application event totals		78.50	9.72	36.50	1,092.19	

07/07/2023	Surface (irrigation)	No precipitation	No precipitation	No precipitation

Source description	Material type	N (lbs/acre)	P (lbs/acre)	K (lbs/acre)	Salt (lbs/acre)	Amount
Ag Well / Front	Ground water	19.48	0.00	0.00	369.76	2,976,000.00 *gal*
Ag well/ Back	Ground water	18.82	0.00	0.00	402.87	2,976,000.00 *gal*
Application event totals		38.30	0.00	0.00	772.64	

Field #2 - 06/05/2023: Corn, silage

Application date	Application method	Precipitation 24 hours prior	Precipitation during application	Precipitation 24 hours following
07/17/2023	Surface (irrigation)	No precipitation	No precipitation	No precipitation

Source description	Material type	N (lbs/acre)	P (lbs/acre)	K (lbs/acre)	Salt (lbs/acre)	Amount
Ag Well / Front	Ground water	16.34	0.00	0.00	310.12	2,496,000.00 *gal*
Ag well/ Back	Ground water	15.78	0.00	0.00	337.89	2,496,000.00 *gal*
Application event totals		32.12	0.00	0.00	648.02	

07/27/2023	Surface (irrigation)	No precipitation	No precipitation	No precipitation

Source description	Material type	N (lbs/acre)	P (lbs/acre)	K (lbs/acre)	Salt (lbs/acre)	Amount
Lagoon Water	Process wastewater	36.50	9.72	36.50	244.79	1,200,000.00 *gal*
Ag Well / Front	Ground water	16.34	0.00	0.00	310.12	2,496,000.00 *gal*
Ag well/ Back	Ground water	15.78	0.00	0.00	337.89	2,496,000.00 *gal*
Application event totals		68.62	9.72	36.50	892.80	

08/06/2023	Surface (irrigation)	No precipitation	No precipitation	No precipitation

Source description	Material type	N (lbs/acre)	P (lbs/acre)	K (lbs/acre)	Salt (lbs/acre)	Amount
Ag Well / Front	Ground water	17.60	0.00	0.00	333.98	2,688,000.00 *gal*
Ag well/ Back	Ground water	17.00	0.00	0.00	363.89	2,688,000.00 *gal*
Application event totals		34.59	0.00	0.00	697.86	

08/16/2023	Surface (irrigation)	No precipitation	No precipitation	No precipitation

Source description	Material type	N (lbs/acre)	P (lbs/acre)	K (lbs/acre)	Salt (lbs/acre)	Amount
Ag Well / Front	Ground water	15.08	0.00	0.00	286.27	2,304,000.00 *gal*
Ag well/ Back	Ground water	14.57	0.00	0.00	311.90	2,304,000.00 *gal*
Application event totals		29.65	0.00	0.00	598.17	

08/26/2023	Surface (irrigation)	No precipitation	No precipitation	No precipitation

Source description	Material type	N (lbs/acre)	P (lbs/acre)	K (lbs/acre)	Salt (lbs/acre)	Amount
Lagoon Water	Process wastewater	46.51	7.25	75.22	267.04	600,000.00 *gal*
Ag Well / Front	Ground water	15.08	0.00	0.00	286.27	2,304,000.00 *gal*
Ag well/ Back	Ground water	14.57	0.00	0.00	311.90	2,304,000.00 *gal*
Application event totals		76.16	7.25	75.22	865.21	

Field #2 - 06/05/2023: Corn, silage

Application date	Application method	Precipitation 24 hours prior	Precipitation during application	Precipitation 24 hours following
09/05/2023	Surface (irrigation)	No precipitation	No precipitation	No precipitation

Source description	Material type	N (lbs/acre)	P (lbs/acre)	K (lbs/acre)	Salt (lbs/acre)	Amount
Ag Well / Front	Ground water	11.31	0.00	0.00	214.70	1,728,000.00 *gal*
Ag well/ Back	Ground water	10.93	0.00	0.00	233.93	1,728,000.00 *gal*
Application event totals		22.24	0.00	0.00	448.63	

Field #3 - 11/11/2022: Oats, silage-soft dough

Field name: Field #3

Crop: Oats, silage-soft dough

Plant date: 11/11/2022

Application date	Application method	Precipitation 24 hours prior	Precipitation during application	Precipitation 24 hours following
11/02/2022	Broadcast/incorporate	No precipitation	No precipitation	No precipitation

Source description	Material type	N (lbs/acre)	P (lbs/acre)	K (lbs/acre)	Salt (lbs/acre)	Amount
Manure	Corral solids	173.82	48.08	58.19	11,676.96	500.00 *ton*
Application event totals		173.82	48.08	58.19	11,676.96	

02/25/2023	Surface (irrigation)	No precipitation	No precipitation	No precipitation

Source description	Material type	N (lbs/acre)	P (lbs/acre)	K (lbs/acre)	Salt (lbs/acre)	Amount
Lagoon Water	Process wastewater	102.34	14.44	58.04	532.74	840,000.00 *gal*
Ag Well / Front	Ground water	11.88	0.00	0.00	225.44	2,016,000.00 *gal*
Application event totals		114.22	14.44	58.04	758.18	

11/14/2023	Surface (irrigation)	No precipitation	No precipitation	No precipitation

Source description	Material type	N (lbs/acre)	P (lbs/acre)	K (lbs/acre)	Salt (lbs/acre)	Amount
Lagoon Water	Process wastewater	12.24	4.63	42.26	200.28	1,200,000.00 *gal*
Ag Well / Front	Ground water	10.18	0.00	0.00	193.23	1,728,000.00 *gal*
Application event totals		22.42	4.63	42.26	393.51	

Field #3 - 06/07/2023: Corn, silage

Field #3 - 06/07/2023: Corn, silage

Field name: Field #3

Crop: Corn, silage

Plant date: 06/07/2023

Application date	Application method	Precipitation 24 hours prior	Precipitation during application	Precipitation 24 hours following
05/26/2023	Surface (irrigation)	No precipitation	No precipitation	No precipitation

Source description	Material type	N (lbs/acre)	P (lbs/acre)	K (lbs/acre)	Salt (lbs/acre)	Amount
Lagoon Water	Process wastewater	32.85	8.75	32.85	220.31	1,200,000.00 *gal*
Ag Well / Front	Ground water	19.80	0.00	0.00	375.73	3,360,000.00 *gal*
Ag well/ Back	Ground water	19.12	0.00	0.00	409.37	3,360,000.00 *gal*
Application event totals		71.76	8.75	32.85	1,005.41	

07/09/2023	Surface (irrigation)	No precipitation	No precipitation	No precipitation

Source description	Material type	N (lbs/acre)	P (lbs/acre)	K (lbs/acre)	Salt (lbs/acre)	Amount
Ag Well / Front	Ground water	18.10	0.00	0.00	343.52	3,072,000.00 *gal*
Ag well/ Back	Ground water	17.48	0.00	0.00	374.28	3,072,000.00 *gal*
Application event totals		35.58	0.00	0.00	717.80	

07/19/2023	Surface (irrigation)	No precipitation	No precipitation	No precipitation

Source description	Material type	N (lbs/acre)	P (lbs/acre)	K (lbs/acre)	Salt (lbs/acre)	Amount
Ag Well / Front	Ground water	16.40	0.00	0.00	311.32	2,784,000.00 *gal*
Ag well/ Back	Ground water	15.84	0.00	0.00	339.19	2,784,000.00 *gal*
Application event totals		32.25	0.00	0.00	650.51	

07/29/2023	Surface (irrigation)	No precipitation	No precipitation	No precipitation

Source description	Material type	N (lbs/acre)	P (lbs/acre)	K (lbs/acre)	Salt (lbs/acre)	Amount
Ag Well / Front	Ground water	16.40	0.00	0.00	311.32	2,784,000.00 *gal*
Ag well/ Back	Ground water	15.84	0.00	0.00	339.19	2,784,000.00 *gal*
Application event totals		32.25	0.00	0.00	650.51	

Field #3 - 06/07/2023: Corn, silage

Application date	Application method	Precipitation 24 hours prior	Precipitation during application	Precipitation 24 hours following
07/29/2023	Surface (irrigation)	No precipitation	No precipitation	No precipitation

Source description	Material type	N (lbs/acre)	P (lbs/acre)	K (lbs/acre)	Salt (lbs/acre)	Amount
Lagoon Water	Process wastewater	26.28	7.00	26.28	176.25	960,000.00 *gal*
Ag Well / Front	Ground water	16.40	0.00	0.00	311.32	2,784,000.00 *gal*
Ag well/ Back	Ground water	15.84	0.00	0.00	339.19	2,784,000.00 *gal*
Application event totals		58.52	7.00	26.28	826.76	

08/08/2023	Surface (irrigation)	No precipitation	No precipitation	No precipitation

Source description	Material type	N (lbs/acre)	P (lbs/acre)	K (lbs/acre)	Salt (lbs/acre)	Amount
Ag Well / Front	Ground water	16.40	0.00	0.00	311.32	2,784,000.00 *gal*
Ag well/ Back	Ground water	15.84	0.00	0.00	339.19	2,784,000.00 *gal*
Application event totals		32.25	0.00	0.00	650.51	

08/18/2023	Surface (irrigation)	No precipitation	No precipitation	No precipitation

Source description	Material type	N (lbs/acre)	P (lbs/acre)	K (lbs/acre)	Salt (lbs/acre)	Amount
Ag Well / Front	Ground water	15.27	0.00	0.00	289.85	2,592,000.00 *gal*
Ag well/ Back	Ground water	14.75	0.00	0.00	315.80	2,592,000.00 *gal*
Application event totals		30.02	0.00	0.00	605.65	

08/28/2023	Surface (irrigation)	No precipitation	No precipitation	No precipitation

Source description	Material type	N (lbs/acre)	P (lbs/acre)	K (lbs/acre)	Salt (lbs/acre)	Amount
Lagoon Water	Process wastewater	25.12	3.92	40.62	144.20	360,000.00 *gal*
Ag Well / Front	Ground water	15.27	0.00	0.00	289.85	2,592,000.00 *gal*
Ag well/ Back	Ground water	14.75	0.00	0.00	315.80	2,592,000.00 *gal*
Application event totals		55.14	3.92	40.62	749.85	

09/07/2023	Surface (irrigation)	No precipitation	No precipitation	No precipitation

Source description	Material type	N (lbs/acre)	P (lbs/acre)	K (lbs/acre)	Salt (lbs/acre)	Amount
Ag Well / Front	Ground water	13.57	0.00	0.00	257.64	2,304,000.00 *gal*
Ag well/ Back	Ground water	13.11	0.00	0.00	280.71	2,304,000.00 *gal*
Application event totals		26.69	0.00	0.00	538.35	

B. NUTRIENT BUDGET

Field #1 - 11/11/2022: Oats, silage-soft dough

Field name: Field #1 Crop: Oats, silage-soft dough Plant date: 11/11/2022

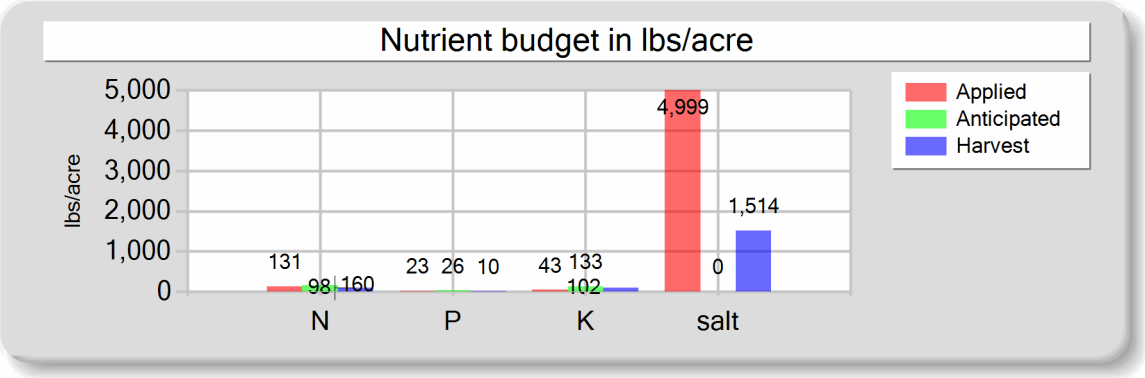

	Total N (lbs/acre)	Total P (lbs/acre)	Total K (lbs/acre)	Total salt (lbs/acre)
Existing soil nutrient content	0.00	0.00	0.00	0.00
Plowdown credit	0.00	0.00	0.00	0.00
Commercial fertilizer / Other	0.00	0.00	0.00	0.00
Dry manure	65.18	18.03	21.82	4,378.86
Process wastewater	36.55	5.16	20.73	190.27
Fresh water	22.62	0.00	0.00	429.40
Atmospheric deposition	7.00	0.00	0.00	0.00
Total nutrients applied	131.36	23.19	42.55	4,998.53
Anticipated crop nutrient removal	160.00	25.60	132.80	0.00
Actual crop nutrient removal	98.47	10.23	101.57	1,514.12
Nutrient balance	32.88	12.95	-59.02	3,484.40
Applied to removed ratio	1.33	2.27	0.42	3.30

Fresh water applied	
3,072,000.00	*gallons*
113.13	*acre-inches*
2.83	*inches/acre*

Process wastewater applied	
240,000.00	*gallons*
8.84	*acre-inches*
0.22	*inches/acre*

Total harvests for the crop	
1	*harvests*

Field #1 - 06/05/2023: Corn, silage

Field name: Field #1 Crop: Corn, silage Plant date: 06/05/2023

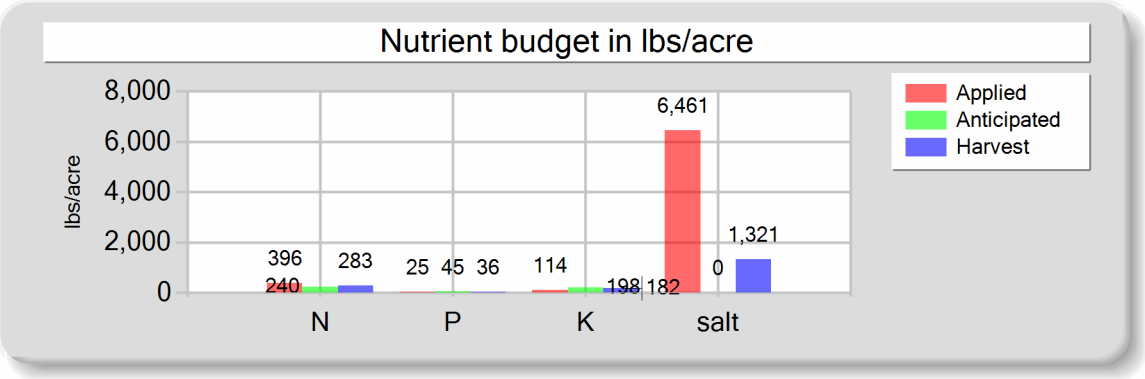

	Total N (lbs/acre)	Total P (lbs/acre)	Total K (lbs/acre)	Total salt (lbs/acre)
Existing soil nutrient content	0.00	0.00	0.00	0.00
Plowdown credit	0.00	0.00	0.00	0.00
Commercial fertilizer / Other	0.00	0.00	0.00	0.00
Dry manure	0.00	0.00	0.00	0.00
Process wastewater	100.99	24.60	113.91	657.17
Fresh water	287.72	0.00	0.00	5,804.11
Atmospheric deposition	7.00	0.00	0.00	0.00
Total nutrients applied	395.71	24.60	113.91	6,461.28
Anticipated crop nutrient removal	240.00	45.00	198.00	0.00
Actual crop nutrient removal	282.60	36.36	181.80	1,321.20
Nutrient balance	113.11	-11.76	-67.89	5,140.08
Applied to removed ratio	1.40	0.68	0.63	4.89

Fresh water applied	
39,744,000.00	*gallons*
1,463.64	*acre-inches*
36.59	*inches/acre*

Process wastewater applied	
2,580,000.00	*gallons*
95.01	*acre-inches*
2.38	*inches/acre*

Total harvests for the crop	
1	*harvests*

Field #2 - 11/11/2022: Oats, silage-soft dough

Field name: Field #2 Crop: Oats, silage-soft dough Plant date: 11/11/2022

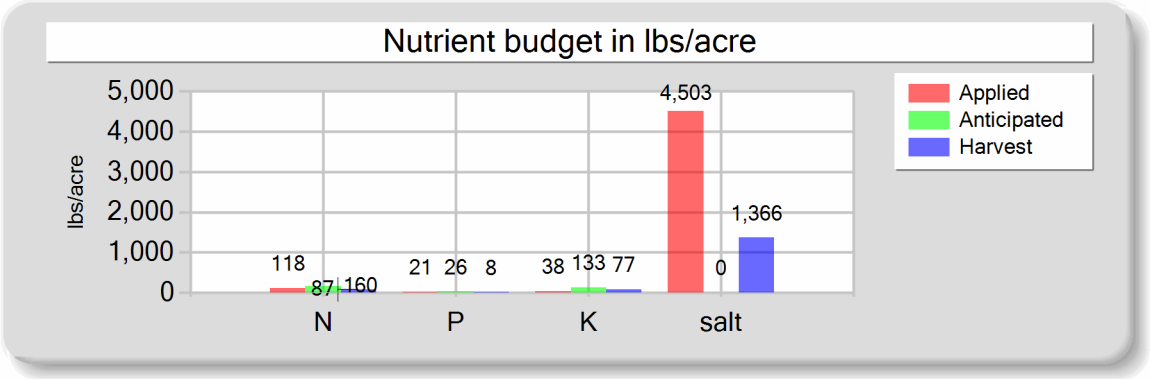

	Total N (lbs/acre)	Total P (lbs/acre)	Total K (lbs/acre)	Total salt (lbs/acre)
Existing soil nutrient content	0.00	0.00	0.00	0.00
Plowdown credit	0.00	0.00	0.00	0.00
Commercial fertilizer / Other	0.00	0.00	0.00	0.00
Dry manure	57.94	16.03	19.40	3,892.32
Process wastewater	32.49	4.58	18.43	169.13
Fresh water	20.64	0.00	0.00	441.86
Atmospheric deposition	7.00	0.00	0.00	0.00
Total nutrients applied	118.07	20.61	37.82	4,503.31
Anticipated crop nutrient removal	160.00	25.60	132.80	0.00
Actual crop nutrient removal	87.31	8.33	76.63	1,366.20
Nutrient balance	30.76	12.28	-38.81	3,137.11
Applied to removed ratio	1.35	2.47	0.49	3.30

Fresh water applied	
3,264,000.00	*gallons*
120.20	*acre-inches*
2.67	*inches/acre*

Process wastewater applied	
240,000.00	*gallons*
8.84	*acre-inches*
0.20	*inches/acre*

Total harvests for the crop	
1	*harvests*

Field #2 - 06/05/2023: Corn, silage

Field name: Field #2 Crop: Corn, silage Plant date: 06/05/2023

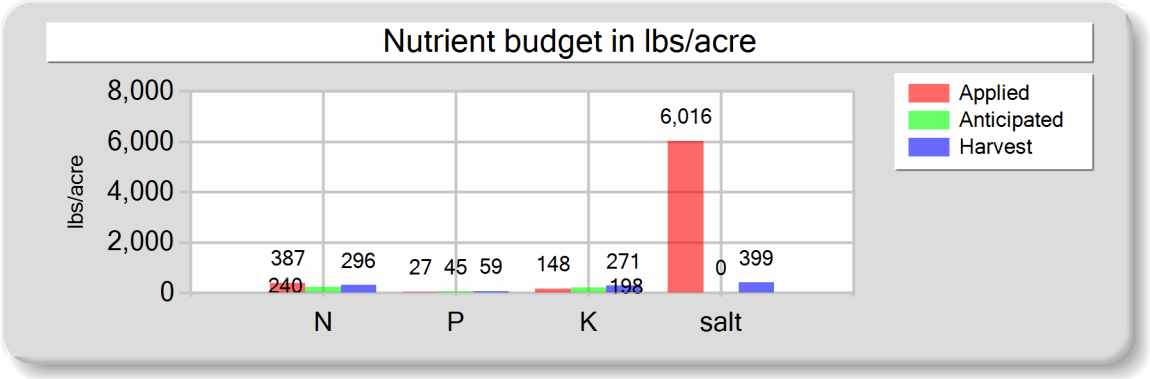

	Total N (lbs/acre)	Total P (lbs/acre)	Total K (lbs/acre)	Total salt (lbs/acre)
Existing soil nutrient content	0.00	0.00	0.00	0.00
Plowdown credit	0.00	0.00	0.00	0.00
Commercial fertilizer / Other	0.00	0.00	0.00	0.00
Dry manure	0.00	0.00	0.00	0.00
Process wastewater	119.50	26.70	148.21	756.61
Fresh water	260.69	0.00	0.00	5,258.91
Atmospheric deposition	7.00	0.00	0.00	0.00
Total nutrients applied	387.19	26.70	148.21	6,015.52
Anticipated crop nutrient removal	240.00	45.00	198.00	0.00
Actual crop nutrient removal	295.68	58.75	270.72	399.36
Nutrient balance	91.51	-32.05	-122.51	5,616.16
Applied to removed ratio	1.31	0.45	0.55	15.06

Fresh water applied	
40,512,000.00	*gallons*
1,491.92	*acre-inches*
33.15	*inches/acre*

Process wastewater applied	
3,000,000.00	*gallons*
110.48	*acre-inches*
2.46	*inches/acre*

Total harvests for the crop	
1	*harvests*

Field #3 - 11/11/2022: Oats, silage-soft dough

Field name: Field #3 Crop: Oats, silage-soft dough Plant date: 11/11/2022

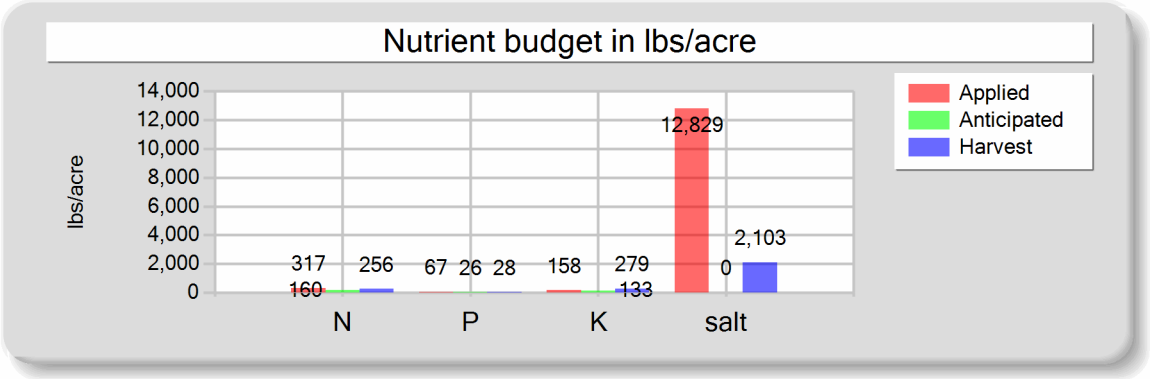

	Total N (lbs/acre)	Total P (lbs/acre)	Total K (lbs/acre)	Total salt (lbs/acre)
Existing soil nutrient content	0.00	0.00	0.00	0.00
Plowdown credit	0.00	0.00	0.00	0.00
Commercial fertilizer / Other	0.00	0.00	0.00	0.00
Dry manure	173.82	48.08	58.19	11,676.96
Process wastewater	114.58	19.07	100.30	733.02
Fresh water	22.06	0.00	0.00	418.67
Atmospheric deposition	7.00	0.00	0.00	0.00
Total nutrients applied	317.46	67.15	158.49	12,828.65
Anticipated crop nutrient removal	160.00	25.60	132.80	0.00
Actual crop nutrient removal	256.30	28.28	279.28	2,103.44
Nutrient balance	61.16	38.87	-120.79	10,725.21
Applied to removed ratio	1.24	2.37	0.57	6.10

Fresh water applied	
3,744,000.00	*gallons*
137.88	*acre-inches*
2.76	*inches/acre*

Process wastewater applied	
2,040,000.00	*gallons*
75.13	*acre-inches*
1.50	*inches/acre*

Total harvests for the crop	
1	*harvests*

Field #3 - 06/07/2023: Corn, silage

Field name: Field #3 Crop: Corn, silage Plant date: 06/07/2023

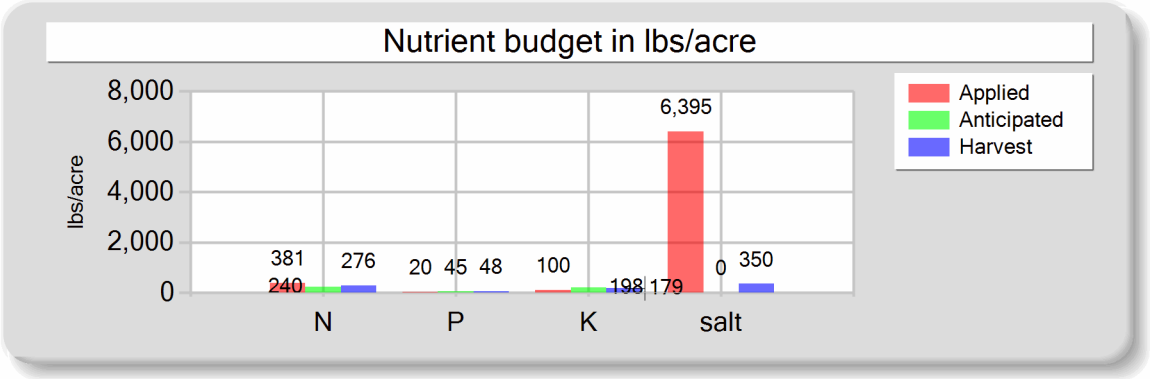

	Total N (lbs/acre)	Total P (lbs/acre)	Total K (lbs/acre)	Total salt (lbs/acre)
Existing soil nutrient content	0.00	0.00	0.00	0.00
Plowdown credit	0.00	0.00	0.00	0.00
Commercial fertilizer / Other	0.00	0.00	0.00	0.00
Dry manure	0.00	0.00	0.00	0.00
Process wastewater	84.24	19.67	99.74	540.76
Fresh water	290.22	0.00	0.00	5,854.58
Atmospheric deposition	7.00	0.00	0.00	0.00
Total nutrients applied	381.46	19.67	99.74	6,395.34
Anticipated crop nutrient removal	240.00	45.00	198.00	0.00
Actual crop nutrient removal	276.01	47.99	179.32	349.84
Nutrient balance	105.45	-28.32	-79.58	6,045.50
Applied to removed ratio	1.38	0.41	0.56	18.28

Fresh water applied	
50,112,000.00	*gallons*
1,845.45	*acre-inches*
36.91	*inches/acre*

Process wastewater applied	
2,520,000.00	*gallons*
92.80	*acre-inches*
1.86	*inches/acre*

Total harvests for the crop	
1	*harvests*

NUTRIENT ANALYSES

A. MANURE ANALYSES

Manure 2102508-01

Sample and source description: Manure 2102508-01

Sample date: 10/25/2022 Material type: Corral solids Source of analysis: Lab analysis Method of reporting: Dry-weight

Moisture: 4.6 %

	Total N (mg/kg)	Total P (mg/kg)	Total K (mg/kg)	Calcium (mg/kg)	Magnesium (mg/kg)	Sodium (mg/kg)	Sulfur (mg/kg)	Chloride (mg/kg)	Total salt (mg/kg)	TFS (%)
Value	9,110.00	2,520.00	3,050.00	14,000.00	3,800.00	620.00	3,440.00	2,150.00		61.20
DL	0.50	0.50	0.50	5.00	5.00	5.00	1.00	0.50		0.10

B. PROCESS WASTEWATER ANALYSES

Lagoon Water 2302047-01

Sample and source description: Lagoon Water 2302047-01

Sample date: 02/01/2023 Material type: Process wastewater Source of analysis: Lab analysis pH:

	Kjeldahl-N (mg/L)	NH4-N (mg/L)	NH3-N (mg/L)	Nitrate-N (mg/L)	Total P (mg/L)	Total K (mg/L)	Calcium (mg/L)	Magnes. (mg/L)	Sodium (mg/L)	Bicarb. (mg/L)	Carb. (mg/L)	Sulfate (mg/L)	Chloride (mg/L)	EC (µmhos/cm)	TDS (mg/L)
Value	730.00	723.00			103.00	414.00								4,010.00	3,800
DL	0.60	0.60			0.10	10.00								1.00	1

Lagoon Water 2303387-01

Sample and source description: Lagoon Water 2303387-01

Sample date: 03/27/2023 Material type: Process wastewater Source of analysis: Lab analysis pH:

	Kjeldahl-N (mg/L)	NH4-N (mg/L)	NH3-N (mg/L)	Nitrate-N (mg/L)	Total P (mg/L)	Total K (mg/L)	Calcium (mg/L)	Magnes. (mg/L)	Sodium (mg/L)	Bicarb. (mg/L)	Carb. (mg/L)	Sulfate (mg/L)	Chloride (mg/L)	EC (µmhos/cm)	TDS (mg/L)
Value	61.10	45.20			23.10	211.00								1,530.00	1,000
DL	0.60	5.00			0.10	10.00								1.00	1

Lagoon Water 2307242-01

Sample and source description: Lagoon Water 2307242-01

Sample date: 07/17/2023 Material type: Process wastewater Source of analysis: Lab analysis pH:

	Kjeldahl-N (mg/L)	NH4-N (mg/L)	NH3-N (mg/L)	Nitrate-N (mg/L)	Total P (mg/L)	Total K (mg/L)	Calcium (mg/L)	Magnes. (mg/L)	Sodium (mg/L)	Bicarb. (mg/L)	Carb. (mg/L)	Sulfate (mg/L)	Chloride (mg/L)	EC (µmhos/cm)	TDS (mg/L)
Value	164.00	136.00			43.70	164.00								2,130.00	1,100
DL	0.60	0.60			0.10	10.00								1.00	1

Lagoon Water 2310041-01

Sample and source description: Lagoon Water 2310041-01

Sample date: 09/29/2023 Material type: Process wastewater Source of analysis: Lab analysis pH:

	Kjeldahl-N (mg/L)	NH4-N (mg/L)	NH3-N (mg/L)	Nitrate-N (mg/L)	Total P (mg/L)	Total K (mg/L)	Calcium (mg/L)	Magnes. (mg/L)	Sodium (mg/L)	Bicarb. (mg/L)	Carb. (mg/L)	Sulfate (mg/L)	Chloride (mg/L)	EC (µmhos/cm)	TDS (mg/L)
Value	418.00	336.00			65.20	676.00								4,370.00	2,400
DL	0.60	0.60			0.10	10.00								1.00	1

C. FRESH WATER ANALYSES

Ag Well / Front

2401173-04

Sample description: 2401173-04

Sample date: 01/12/2023 Source of analysis: Lab analysis

	Total N (mg/L)	NH4-N (mg/L)	Nitrate-N (mg/L)	Calcium (mg/L)	Magnesium (mg/L)	Sodium (mg/L)	Bicarbonate (mg/L)	Carbonate (mg/L)	Sulfate (mg/L)	Chloride (mg/L)	EC (µmhos/cm)	TDS (mg/L)
Value	35.30										1,170.00	670
DL	1.40										1.00	1

Ag well/ Back

Ag well/ Back

2401173-05

Sample description: 2401173-05

Sample date: 01/12/2023 Source of analysis: Lab analysis

	Total N (mg/L)	NH4-N (mg/L)	Nitrate-N (mg/L)	Calcium (mg/L)	Magnesium (mg/L)	Sodium (mg/L)	Bicarbonate (mg/L)	Carbonate (mg/L)	Sulfate (mg/L)	Chloride (mg/L)	EC (µmhos/cm)	TDS (mg/L)
Value	34.10										1,160.00	730
DL	1.40										1.00	1

Domestic Well / Dairy East

2401173-01

Sample description: 2401173-01

Sample date: 01/12/2023 Source of analysis: Lab analysis

	Total N (mg/L)	NH4-N (mg/L)	Nitrate-N (mg/L)	Calcium (mg/L)	Magnesium (mg/L)	Sodium (mg/L)	Bicarbonate (mg/L)	Carbonate (mg/L)	Sulfate (mg/L)	Chloride (mg/L)	EC (µmhos/cm)	TDS (mg/L)
Value	29.80										1,160.00	
DL	0.40										1.00	

Domestic Well/ Dads Well

2401173-03

Sample description: 2401173-03

Sample date: 01/12/2023 Source of analysis: Lab analysis

	Total N (mg/L)	NH4-N (mg/L)	Nitrate-N (mg/L)	Calcium (mg/L)	Magnesium (mg/L)	Sodium (mg/L)	Bicarbonate (mg/L)	Carbonate (mg/L)	Sulfate (mg/L)	Chloride (mg/L)	EC (µmhos/cm)	TDS (mg/L)
Value	22.30										1,160.00	
DL	0.40										1.00	

Domestic Well/ Dairy west

Domestic Well/ Dairy west

2401173-02

Sample description: 2401173-02

Sample date: 01/12/2023 Source of analysis: Lab analysis

	Total N (mg/L)	NH4-N (mg/L)	Nitrate-N (mg/L)	Calcium (mg/L)	Magnesium (mg/L)	Sodium (mg/L)	Bicarbonate (mg/L)	Carbonate (mg/L)	Sulfate (mg/L)	Chloride (mg/L)	EC (µmhos/cm)	TDS (mg/L)
Value	19.80										1,100.00	
DL	0.40										1.00	

D. SOIL ANALYSES

No soil analyses entered.

E. PLANT TISSUE ANALYSES

Field #1 - 11/11/2022: Oats, silage-soft dough

2305065-01

Sample and source description: 2305065-01

Sample date: 05/02/2023 Source of analysis: Lab analysis Method of reporting: Dry-weight

Moisture: 69.3 %

	Total N (mg/kg)	Total P (mg/kg)	Total K (mg/kg)	Total salt (mg/kg)	TFS (%)
Value	8,910.00	926.00	9,190.00		13.70
DL	2.50	0.50	0.50		0.10

Field #1 - 06/05/2023: Corn, silage

Field #1 - 06/05/2023: Corn, silage

2310036-01

Sample and source description: 2310036-01

Sample date: 09/29/2023 Source of analysis: Lab analysis Method of reporting: Dry-weight

Moisture: 70.0 %

	Total N (mg/kg)	Total P (mg/kg)	Total K (mg/kg)	Total salt (mg/kg)	TFS (%)
Value	15,700.00	2,020.00	10,100.00		7.34
DL	0.50	0.50	0.50		0.10

Field #2 - 11/11/2022: Oats, silage-soft dough

2305065-02

Sample and source description: 2305065-02

Sample date: 05/02/2023 Source of analysis: Lab analysis Method of reporting: Dry-weight

Moisture: 65.5 %

	Total N (mg/kg)	Total P (mg/kg)	Total K (mg/kg)	Total salt (mg/kg)	TFS (%)
Value	7,030.00	671.00	6,170.00		11.00
DL	0.50	0.50	0.50		0.10

Field #2 - 06/05/2023: Corn, silage

2310284-01

Sample and source description: 2310284-01

Sample date: 10/11/2023 Source of analysis: Lab analysis Method of reporting: Dry-weight

Moisture: 68.0 %

	Total N (mg/kg)	Total P (mg/kg)	Total K (mg/kg)	Total salt (mg/kg)	TFS (%)
Value	15,400.00	3,060.00	14,100.00		2.08
DL	0.50	0.50	0.50		0.10

Field #3 - 11/11/2022: Oats, silage-soft dough

2305065-03

Sample and source description: 2305065-03

Sample date: 05/02/2023 Source of analysis: Lab analysis Method of reporting: Dry-weight

Moisture: 50.9 %

	Total N (mg/kg)	Total P (mg/kg)	Total K (mg/kg)	Total salt (mg/kg)	TFS (%)
Value	14,500.00	1,600.00	15,800.00		11.90
DL	2.50	0.50	0.50		0.10

Field #3 - 06/07/2023: Corn, silage

2310284-02

Sample and source description: 2310284-02

Sample date: 10/12/2023 Source of analysis: Lab analysis Method of reporting: Dry-weight

Moisture: 70.7 %

	Total N (mg/kg)	Total P (mg/kg)	Total K (mg/kg)	Total salt (mg/kg)	TFS (%)
Value	15,700.00	2,730.00	10,200.00		1.99
DL	0.50	0.50	0.50		0.10

2310284-03

Sample and source description: 2310284-03

Sample date: 10/12/2023 Source of analysis: Lab analysis Method of reporting: Dry-weight

Moisture: 68.6 %

	Total N (mg/kg)	Total P (mg/kg)	Total K (mg/kg)	Total salt (mg/kg)	TFS (%)
Value	10,800.00	2,110.00	11,800.00		2.21
DL	0.50	0.50	0.50		0.10

F. SUBSURFACE (TILE) DRAINAGE ANALYSES

No subsurface (tile) drainage analyses entered.

NUTRIENT APPLICATIONS, POTENTIAL REMOVAL, AND BALANCE

A. SUMMARY OF NUTRIENT APPLICATIONS, POTENTIAL REMOVAL, AND BALANCE

	Total N (lbs)	Total P (lbs)	Total K (lbs)	Total salt (lbs)
Existing soil nutrient content	0.00	0.00	0.00	0.00
Plowdown credit	0.00	0.00	0.00	0.00
Commercial fertilizer / Other	0.00	0.00	0.00	0.00
Dry manure	13,905.50	3,846.53	4,655.52	934,156.80
Process wastewater	22,282.15	4,535.09	22,886.00	139,244.67
Fresh water	40,687.52	0.00	0.00	819,537.75
Atmospheric deposition	1,890.00	0.00	0.00	0.00
Total nutrients applied	78,765.18	8,381.62	27,541.52	1,892,939.22
Anticipated crop nutrient removal	54,000.00	9,531.00	44,658.00	0.00
Actual crop nutrient removal	59,093.00	8,696.38	49,895.37	315,527.46
Nutrient balance	19,672.18	-314.76	-22,353.85	1,577,411.76
Applied to removed ratio	1.33	0.96	0.55	6.00

B. POUNDS OF NUTRIENT APPLIED VS. CROP REMOVAL

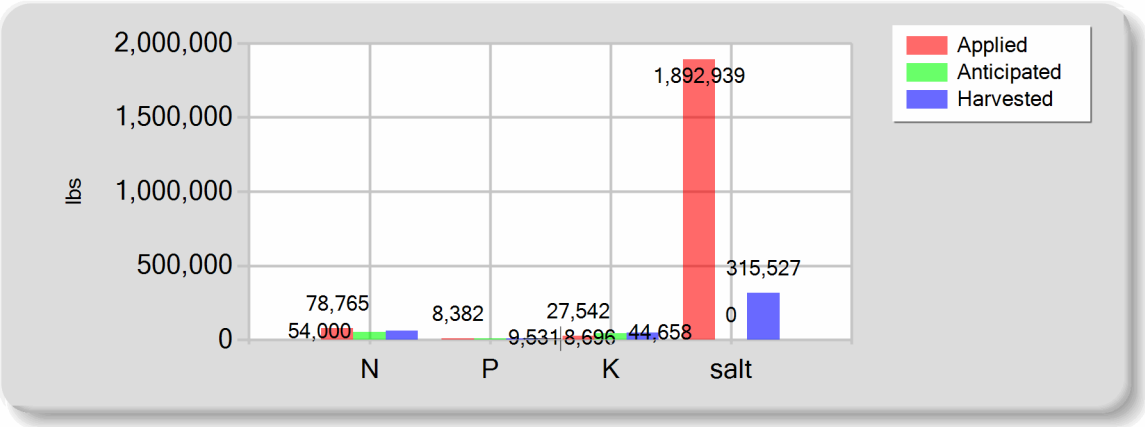

C. POUNDS OF NUTRIENT APPLIED BY MATERIAL TYPE

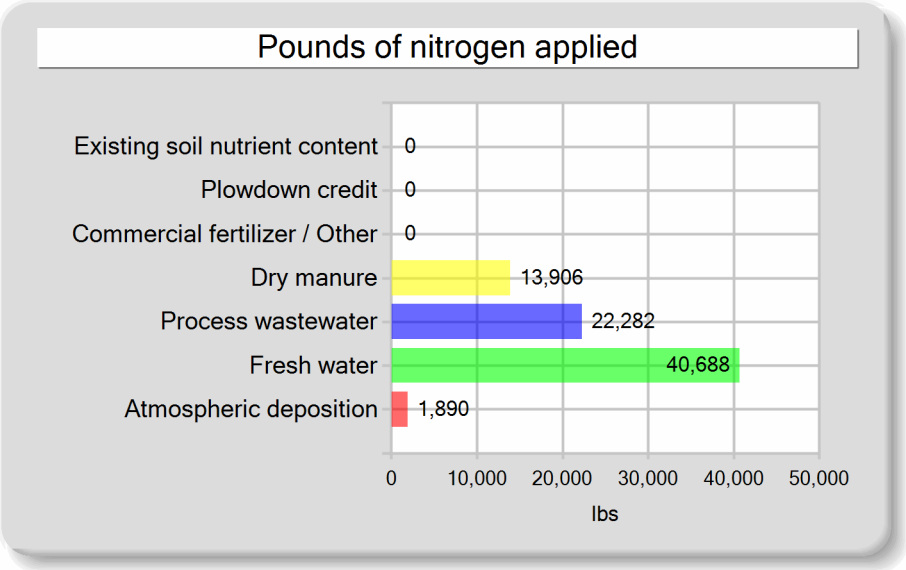

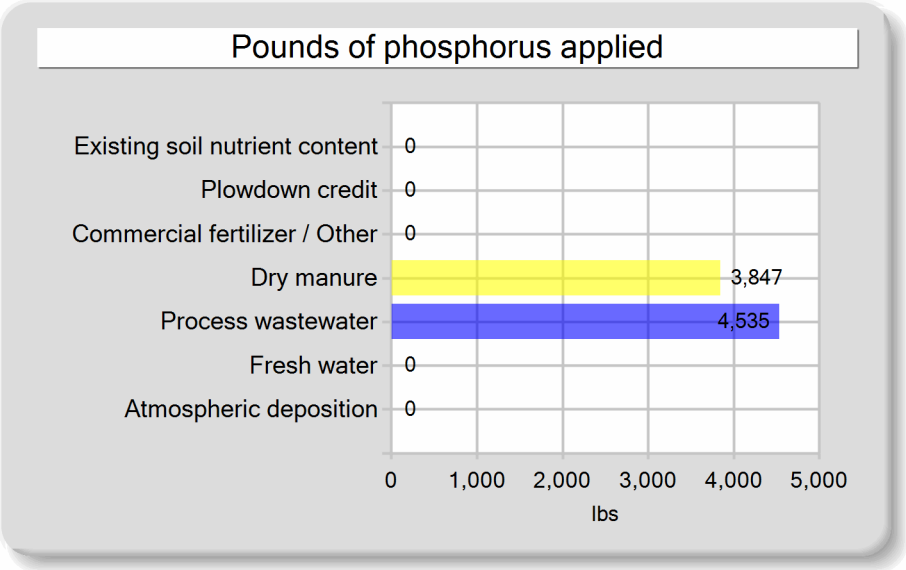

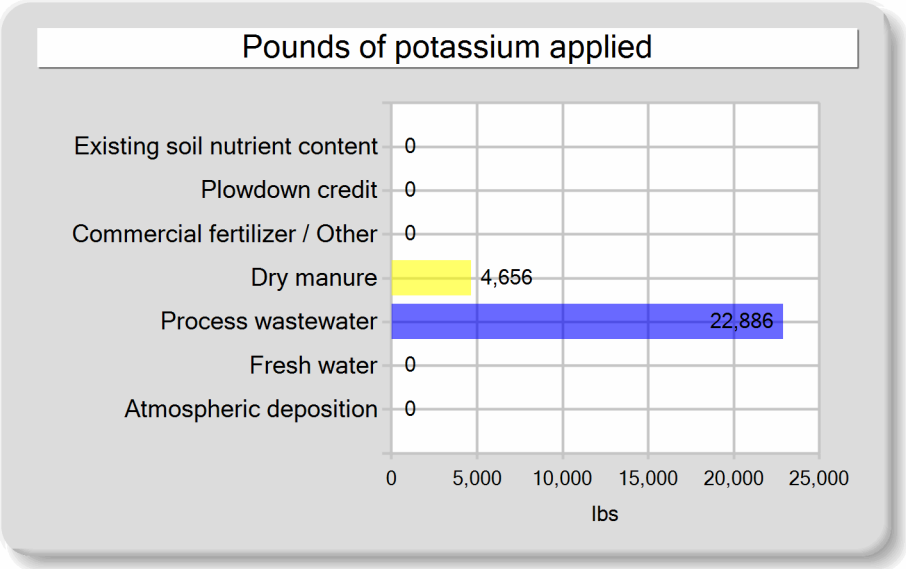

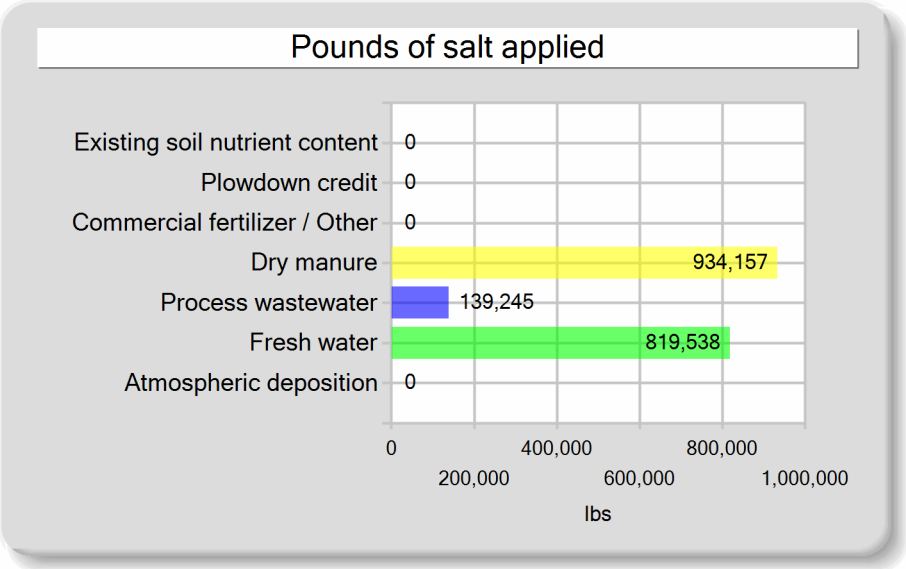

EXCEPTION REPORTING

A. MANURE, PROCESS WASTEWATER, AND OTHER DAIRY WASTE DISCHARGES

The following is a summary of all manure and process wastewater discharges from the production area to surface water or to land areas (land application areas or otherwise) when not in accordance with the facility's Nutrient Management Plan.

No manure or process wastewater discharges occurred during the reporting period.

B. STORM WATER DISCHARGES

The following is a summary of all storm water discharges from the production area to surface water during the reporting period when not in accordance with the facility 's Nutrient Management Plan.

No stormwater discharges occurred during the reporting period.

C. LAND APPLICATION AREA TO SURFACE WATER DISCHARGES

The following is a summary of all discharges from the land application area to surface water that have occurred during the reporting period when not in accordance with the facility's Nutrient Management Plan.

No land application area to surface water discharges occurred during the reporting period.

NUTRIENT MANAGEMENT PLAN AND EXPORT AGREEMENT STATEMENTS

A. NUTRIENT MANAGEMENT PLAN STATEMENTS

Was the facility's NMP updated in the reporting period?	No
Was the facility's NMP developed by a certified nutrient management planner (specialist) as specified in Attachment C of the General Order?	Yes
Was the facility's NMP approved by a certified nutrient management planner (specialist) as specified in Attachment C of the General Order?	Yes

B. EXPORT AGREEMENT STATEMENT

Are there any written agreements with third parties to receive manure or process wastewater that are new or were revised within the reporting period?	No

ADDITIONAL NOTES

A. NOTES

No notes entered for this annual report.

Annual Report - General Order No. R5-2007-0035
Reporting period 01/01/2023 to 12/31/2023.

CERTIFICATION

A. OWNER AND/OR OPERATOR CERTIFICATION

I certify under penalty of law that I have personally examined and am familiar with the information submitted in this document and all attachments and that, based on my inquiry of those individuals immediately responsible for obtaining the information, I believe that the information is true, accurate, and complete. I am aware that there are significant penalties for submitting false information, including the possibility of fine and imprisonment.

X Joe D. Silva	X Joe D. Silva
SIGNATURE OF OWNER OF FACILITY	SIGNATURE OF OPERATOR OF FACILITY
Farms DS	Joe DaSilva
PRINT OR TYPE NAME	PRINT OR TYPE NAME
✓ 07/02/2024	✓ 07/02/2024
DATE	DATE

Annual Report - General Order No. R5-2007-0035
Reporting period 01/01/2023 to 12/31/2023.

ATTACHMENTS

A. REQUIRED ATTACHMENTS

The following lists the required documents that should be attached to the Annual Report when submitted .

Annual Dairy Facility Assessment	N/A
Provide an Annual Dairy Facility Assessment (an update to the Preliminary Dairy Facility Assessment in Attachment A) for each reporting period. On the PDFA Final page, click on the ADFA Report button to generate an ADFA report after updating information as needed .	

Manure/Process Wastewater Tracking Manifests	N/A
Provide copies of all manure/process wastewater tracking manifests for the reporting period, signed by both the owner/operator and the hauler.	

Corrective Actions Documents	N/A
Provide records documenting any corrective actions taken to correct deficiencies noted as a result of the inspections required in the Monitoring Requirements of the General Order. Deficiencies not corrected in 30 days must be accompanied by an explanation of the factors preventing immediate correction.	

Groundwater Monitoring	N/A
Dischargers that monitor supply wells or subsurface (tile) drainage systems, or that have monitoring well systems must submit monitoring results as directed in the General Order, Groundwater Reporting Section starting on page MRP-13.	

Storm Water Monitoring	N/A
Dischargers that are required to monitor storm water more frequently than required in the General Order must submit monitoring results as directed in the General Order, Storm Water Reporting Section on page MRP-14.	