Annual Report - General Order No. R5-2007-0035
Reporting period 01/01/2023 to 12/31/2023.

DAIRY FACILITY INFORMATION

A. NAME OF DAIRY OR BUSINESS OPERATING THE DAIRY: 6D Dores Dairy

Physical address of dairy:

Number and Street	City	County	Zip Code
25762 Turner AVE	Hilmar	Merced	95324

Street and nearest cross street (if no address):

Date facility was originally placed in operation: 01/01/1925

Regional Water Quality Control Board Basin Plan designation: San Joaquin River Basin

County Assessor Parcel Number(s) for dairy facility:

X045-X080-X001-XXXX

B. OPERATORS

Dores, John

Operator name: Dores, John

Telephone no.: (209) 632-6402 Landline, (209) 649-4505 Cellular

Mailing Address Number and Street	City	State	Zip Code
8320 Cypress ST	Hilmar	CA	95324

This operator is responsible for paying permit fees.

C. OWNERS

Dores, John

Legal owner name: Dores, John

Telephone no.: (209) 632-6402 Landline, (209) 649-4505 Cellular

Mailing Address Number and Street	City	State	Zip Code
8320 Cypress ST	Hilmar	CA	95324

This owner is responsible for paying permit fees.

Annual Report - General Order No. R5-2007-0035
Reporting period 01/01/2023 to 12/31/2023.

AVAILABLE NUTRIENTS

A. HERD INFORMATION

	Milk Cows	Dry Cows	Bred Heifers (15-24 mo.)	Heifers (7-14 mo. to breeding)	Calves (4-6 mo.)	Calves (0-3 mo.)
Number open confinement	0	0	0	0	0	0
Number under roof	847	64	157	185	0	0
Maximum number	847	64	157	185	0	0
Average number	847	64	157	185	0	0
Avg live weight (lbs)	1,300	1,350	900	750		

Predominant milk cow breed: Holstein

Average milk production: 73 *pounds per cow per day*

B. MANURE GENERATED

Total manure excreted by the herd: 26,307.84 *tons per reporting period*

Total nitrogen from manure: 332,101.81 *lbs per reporting period*

After ammonia losses (30% loss applied): 232,471.27 *lbs per reporting period*

Total phosphorus from manure: 55,842.04 *lbs per reporting period*

Total potassium from manure: 163,877.75 *lbs per reporting period*

Total salt from manure: 413,526.75 *lbs per reporting period*

C. PROCESS WASTEWATER GENERATED

Process wastewater generated: 20,400,000 *gallons*

Total nitrogen generated: 120,188.18 *lbs*

Total phosphorus generated: 16,807.61 *lbs*

Total potassium generated: 247,109.22 *lbs*

Total salt generated: 1,248,395.31 *lbs*

	20,400,000	*gallons applied*
+	0	*gallons exported*
-	0	*gallons imported*
=	20,400,000	*gallons generated*

D. FRESH WATER SOURCES

Source Description	Type
Domestic Well - DW #1	Ground water
Irrigation Water - Canal	Surface water
Irrigation Water - Hilmar Pump	Ground water

E. SUBSURFACE (TILE) DRAINAGE SOURCES

No subsurface (tile) drainage sources entered.

F. NUTRIENT IMPORTS

No dry manure nutrient imports entered.

No process wastewater nutrient imports entered.

No commercial or other nutrient imports entered.

G. NUTRIENT EXPORTS

Date	Material type	Quantity	Reporting basis	Moisture (%)	Density (lbs/cu ft)	N (mg/kg)	P (mg/kg)	K (mg/kg)	Salt (mg/kg)	TFS (%)
10/21/2023	Corral solids	445.00 *ton*	Dry-weight	16.1		30,300.00	9,500.00	28,500.00		0.00

No liquid nutrient exports entered.

Material type	Total N (lbs)	Total P (lbs)	Total K (lbs)	Total salt (lbs)
Dry manure	22,625.31	7,093.75	21,281.24	0.00
Process wastewater	0.00	0.00	0.00	0.00
Total exports for all materials	22,625.31	7,093.75	21,281.24	0.00

APPLICATION AREA

A. LIST OF LAND APPLICATION AREAS

Field name	Controlled acres	Cropable acres	Total harvests	Type of waste applied	Parcel number
Lagoon Field	10	10	2	process wastewater	X045-X080-X001-XXXX
Middle Field	59	59	2	process wastewater	X045-X050-X004-XXXX
North Field	62	62	2	process wastewater	X045-X050-X004-XXXX
Pit	20	20	2	process wastewater	X045-X080-X001-XXXX
South Field	62	62	2	process wastewater	X045-X050-X001-XXXX
Totals for areas that were used for application	213	213	10		
Totals for areas that were not used for application					
Land application area totals	213	213	10		

B. CROPS AND HARVESTS

Lagoon Field

Field name: Lagoon Field

11/27/2022: Oats, silage-soft dough

Crop: Oats, silage-soft dough Acres planted: 10 Plant date: 11/27/2022

Harvest date	Yield	Reporting basis	Density (lbs/cu ft)	Moisture (%)	N (mg/kg)	P (mg/kg)	K (mg/kg)	Salt (mg/kg)	TFS (%)
04/26/2023	101.30 *ton*	Dry-weight		58.2	20,900.00	4,200.00	37,900.00		10.30

	Yield (tons/acre)	Total N (lbs/acre)	Total P (lbs/acre)	Total K (lbs/acre)	Salt (lbs/acre)
Anticipated harvest content	16.00	160.00	25.60	132.80	0.00
Total actual harvest content	10.13	177.00	35.57	320.96	872.27

Lagoon Field

05/23/2023: Corn, silage

Crop: Corn, silage Acres planted: 10 Plant date: 05/23/2023

Harvest date	Yield	Reporting basis	Density (lbs/cu ft)	Moisture (%)	N (mg/kg)	P (mg/kg)	K (mg/kg)	Salt (mg/kg)	TFS (%)
09/15/2023	265.30 *ton*	Dry-weight		66.9	15,400.00	2,800.00	18,500.00		6.60

	Yield (tons/acre)	Total N (lbs/acre)	Total P (lbs/acre)	Total K (lbs/acre)	Salt (lbs/acre)
Anticipated harvest content	30.00	240.00	45.00	198.00	0.00
Total actual harvest content	26.53	270.47	49.18	324.91	1,159.15

Middle Field

Field name: Middle Field

11/27/2022: Oats, silage-soft dough

Crop: Oats, silage-soft dough Acres planted: 59 Plant date: 11/27/2022

Harvest date	Yield	Reporting basis	Density (lbs/cu ft)	Moisture (%)	N (mg/kg)	P (mg/kg)	K (mg/kg)	Salt (mg/kg)	TFS (%)
04/26/2023	531.60 *ton*	Dry-weight		56.5	20,500.00	4,200.00	37,400.00		10.50

	Yield (tons/acre)	Total N (lbs/acre)	Total P (lbs/acre)	Total K (lbs/acre)	Salt (lbs/acre)
Anticipated harvest content	16.00	160.00	25.60	132.80	0.00
Total actual harvest content	9.01	160.70	32.92	293.17	823.08

05/23/2023: Corn, silage

Crop: Corn, silage Acres planted: 59 Plant date: 05/23/2023

Harvest date	Yield	Reporting basis	Density (lbs/cu ft)	Moisture (%)	N (mg/kg)	P (mg/kg)	K (mg/kg)	Salt (mg/kg)	TFS (%)
09/15/2023	1,571.20 *ton*	Dry-weight		66.1	15,100.00	2,700.00	17,300.00		5.20

	Yield (tons/acre)	Total N (lbs/acre)	Total P (lbs/acre)	Total K (lbs/acre)	Salt (lbs/acre)
Anticipated harvest content	30.00	240.00	45.00	198.00	0.00
Total actual harvest content	26.63	272.64	48.75	312.36	938.89

North Field

Field name: North Field

11/27/2022: Oats, silage-soft dough

Crop: Oats, silage-soft dough Acres planted: 62 Plant date: 11/27/2022

Harvest date	Yield	Reporting basis	Density (lbs/cu ft)	Moisture (%)	N (mg/kg)	P (mg/kg)	K (mg/kg)	Salt (mg/kg)	TFS (%)
04/26/2023	561.20 *ton*	Dry-weight		56.8	20,800.00	4,100.00	36,900.00		11.10

	Yield (tons/acre)	Total N (lbs/acre)	Total P (lbs/acre)	Total K (lbs/acre)	Salt (lbs/acre)
Anticipated harvest content	16.00	160.00	25.60	132.80	0.00
Total actual harvest content	9.05	162.67	32.06	288.58	868.09

05/23/2023: Corn, silage

Crop: Corn, silage Acres planted: 62 Plant date: 05/23/2023

Harvest date	Yield	Reporting basis	Density (lbs/cu ft)	Moisture (%)	N (mg/kg)	P (mg/kg)	K (mg/kg)	Salt (mg/kg)	TFS (%)
09/15/2023	1,642.30 *ton*	Dry-weight		66.4	14,700.00	3,000.00	18,400.00		6.90

	Yield (tons/acre)	Total N (lbs/acre)	Total P (lbs/acre)	Total K (lbs/acre)	Salt (lbs/acre)
Anticipated harvest content	30.00	240.00	45.00	198.00	0.00
Total actual harvest content	26.49	261.67	53.40	327.53	1,228.23

Pit

Field name: Pit

11/27/2022: Oats, silage-soft dough

Crop: Oats, silage-soft dough Acres planted: 20 Plant date: 11/27/2022

Harvest date	Yield	Reporting basis	Density (lbs/cu ft)	Moisture (%)	N (mg/kg)	P (mg/kg)	K (mg/kg)	Salt (mg/kg)	TFS (%)
04/26/2023	221.40 *ton*	Dry-weight		58.7	22,800.00	4,200.00	37,600.00		11.30

	Yield (tons/acre)	Total N (lbs/acre)	Total P (lbs/acre)	Total K (lbs/acre)	Salt (lbs/acre)
Anticipated harvest content	16.00	160.00	25.60	132.80	0.00
Total actual harvest content	11.07	208.48	38.40	343.81	1,033.25

Pit

05/23/2023: Corn, silage

Crop: Corn, silage Acres planted: 20 Plant date: 05/23/2023

Harvest date	Yield	Reporting basis	Density (lbs/cu ft)	Moisture (%)	N (mg/kg)	P (mg/kg)	K (mg/kg)	Salt (mg/kg)	TFS (%)
09/15/2023	522.60 *ton*	Dry-weight		65.7	14,900.00	3,000.00	18,000.00		6.80

	Yield (tons/acre)	Total N (lbs/acre)	Total P (lbs/acre)	Total K (lbs/acre)	Salt (lbs/acre)
Anticipated harvest content	30.00	240.00	45.00	198.00	0.00
Total actual harvest content	26.13	267.09	53.78	322.65	1,218.91

South Field

Field name: South Field

11/27/2022: Oats, silage-soft dough

Crop: Oats, silage-soft dough Acres planted: 62 Plant date: 11/27/2022

Harvest date	Yield	Reporting basis	Density (lbs/cu ft)	Moisture (%)	N (mg/kg)	P (mg/kg)	K (mg/kg)	Salt (mg/kg)	TFS (%)
04/26/2023	638.30 *ton*	Dry-weight		59.9	21,400.00	4,200.00	37,100.00		11.00

	Yield (tons/acre)	Total N (lbs/acre)	Total P (lbs/acre)	Total K (lbs/acre)	Salt (lbs/acre)
Anticipated harvest content	16.00	160.00	25.60	132.80	0.00
Total actual harvest content	10.30	176.69	34.68	306.32	908.24

05/23/2023: Corn, silage

Crop: Corn, silage Acres planted: 62 Plant date: 05/23/2023

Harvest date	Yield	Reporting basis	Density (lbs/cu ft)	Moisture (%)	N (mg/kg)	P (mg/kg)	K (mg/kg)	Salt (mg/kg)	TFS (%)
09/15/2023	1,614.20 *ton*	Dry-weight		66.8	16,000.00	3,100.00	18,000.00		6.80

	Yield (tons/acre)	Total N (lbs/acre)	Total P (lbs/acre)	Total K (lbs/acre)	Salt (lbs/acre)
Anticipated harvest content	30.00	240.00	45.00	198.00	0.00
Total actual harvest content	26.04	276.60	53.59	311.18	1,175.55

NUTRIENT BUDGET

A. LAND APPLICATIONS

Lagoon Field - 11/27/2022: Oats, silage-soft dough

Field name: Lagoon Field

Crop: Oats, silage-soft dough — Plant date: 11/27/2022

Application date	Application method	Precipitation 24 hours prior	Precipitation during application	Precipitation 24 hours following
11/22/2022	Surface (irrigation)	No precipitation	No precipitation	No precipitation

Source description	Material type	N (lbs/acre)	P (lbs/acre)	K (lbs/acre)	Salt (lbs/acre)	Amount
Lagoon Water	Process wastewater	112.51	16.63	272.71	1,327.69	215,000.00 *gal*
Irrigation Water - Canal	Surface water	0.00	0.00	0.00	36.18	1,495,000.00 *gal*
Application event totals		112.51	16.63	272.71	1,363.87	

Application date	Application method	Precipitation 24 hours prior	Precipitation during application	Precipitation 24 hours following
04/06/2023	Surface (irrigation)	No precipitation	No precipitation	No precipitation

Source description	Material type	N (lbs/acre)	P (lbs/acre)	K (lbs/acre)	Salt (lbs/acre)	Amount
Lagoon Water	Process wastewater	99.43	14.70	241.00	1,173.31	190,000.00 *gal*
Irrigation Water - Canal	Surface water	0.00	0.00	0.00	37.29	1,541,000.00 *gal*
Application event totals		99.43	14.70	241.00	1,210.60	

Lagoon Field - 05/23/2023: Corn, silage

Field name: Lagoon Field

Crop: Corn, silage — Plant date: 05/23/2023

Application date	Application method	Precipitation 24 hours prior	Precipitation during application	Precipitation 24 hours following
05/08/2023	Surface (irrigation)	No precipitation	No precipitation	No precipitation

Source description	Material type	N (lbs/acre)	P (lbs/acre)	K (lbs/acre)	Salt (lbs/acre)	Amount
Irrigation Water - Canal	Surface water	0.00	0.00	0.00	38.30	1,582,725.00 *gal*
Application event totals		0.00	0.00	0.00	38.30	

Lagoon Field - 05/23/2023: Corn, silage

Application date	Application method	Precipitation 24 hours prior	Precipitation during application	Precipitation 24 hours following
06/29/2023	Surface (irrigation)	No precipitation	No precipitation	No precipitation

Source description	Material type	N (lbs/acre)	P (lbs/acre)	K (lbs/acre)	Salt (lbs/acre)	Amount
Irrigation Water - Canal	Surface water	0.00	0.00	0.00	35.86	1,481,700.00 *gal*
Application event totals		0.00	0.00	0.00	35.86	

07/10/2023	Surface (irrigation)	No precipitation	No precipitation	No precipitation

Source description	Material type	N (lbs/acre)	P (lbs/acre)	K (lbs/acre)	Salt (lbs/acre)	Amount
Irrigation Water - Canal	Surface water	0.00	0.00	0.00	35.86	1,481,700.00 *gal*
Application event totals		0.00	0.00	0.00	35.86	

07/24/2023	Surface (irrigation)	No precipitation	No precipitation	No precipitation

Source description	Material type	N (lbs/acre)	P (lbs/acre)	K (lbs/acre)	Salt (lbs/acre)	Amount
Lagoon Water	Process wastewater	122.98	18.18	298.08	1,451.20	235,000.00 *gal*
Irrigation Water - Canal	Surface water	0.00	0.00	0.00	38.30	1,582,725.00 *gal*
Application event totals		122.98	18.18	298.08	1,489.50	

08/06/2023	Surface (irrigation)	No precipitation	No precipitation	No precipitation

Source description	Material type	N (lbs/acre)	P (lbs/acre)	K (lbs/acre)	Salt (lbs/acre)	Amount
Lagoon Water	Process wastewater	117.75	17.41	285.40	1,389.44	225,000.00 *gal*
Irrigation Water - Canal	Surface water	0.00	0.00	0.00	37.49	1,549,050.00 *gal*
Application event totals		117.75	17.41	285.40	1,426.93	

08/19/2023	Surface (irrigation)	No precipitation	No precipitation	No precipitation

Source description	Material type	N (lbs/acre)	P (lbs/acre)	K (lbs/acre)	Salt (lbs/acre)	Amount
Lagoon Water	Process wastewater	109.90	16.25	266.37	1,296.81	210,000.00 *gal*
Irrigation Water - Canal	Surface water	0.00	0.00	0.00	35.04	1,448,025.00 *gal*
Application event totals		109.90	16.25	266.37	1,331.86	

Lagoon Field - 05/23/2023: Corn, silage

Application date	Application method	Precipitation 24 hours prior	Precipitation during application	Precipitation 24 hours following
09/02/2023	Surface (irrigation)	No precipitation	No precipitation	No precipitation

Source description	Material type	N (lbs/acre)	P (lbs/acre)	K (lbs/acre)	Salt (lbs/acre)	Amount
Irrigation Water - Canal	Surface water	0.00	0.00	0.00	31.78	1,313,325.00 *gal*
Application event totals		0.00	0.00	0.00	31.78	

Middle Field - 11/27/2022: Oats, silage-soft dough

Field name: Middle Field

Crop: Oats, silage-soft dough

Plant date: 11/27/2022

Application date	Application method	Precipitation 24 hours prior	Precipitation during application	Precipitation 24 hours following
11/22/2022	Surface (irrigation)	No precipitation	No precipitation	No precipitation

Source description	Material type	N (lbs/acre)	P (lbs/acre)	K (lbs/acre)	Salt (lbs/acre)	Amount
Lagoon Water	Process wastewater	104.22	15.41	252.61	1,229.83	1,175,000.00 *gal*
Irrigation Water - Hilmar Pump	Ground water	0.20	0.00	0.00	1,031.57	6,946,000.00 *gal*
Application event totals		104.42	15.41	252.61	2,261.40	

Application date	Application method	Precipitation 24 hours prior	Precipitation during application	Precipitation 24 hours following
04/06/2023	Surface (irrigation)	No precipitation	No precipitation	No precipitation

Source description	Material type	N (lbs/acre)	P (lbs/acre)	K (lbs/acre)	Salt (lbs/acre)	Amount
Lagoon Water	Process wastewater	109.54	16.19	265.51	1,292.63	1,235,000.00 *gal*
Irrigation Water - Canal	Surface water	0.00	0.00	0.00	39.64	9,664,725.00 *gal*
Application event totals		109.54	16.19	265.51	1,332.27	

Middle Field - 05/23/2023: Corn, silage

Field name: Middle Field

Crop: Corn, silage

Plant date: 05/23/2023

Application date	Application method	Precipitation 24 hours prior	Precipitation during application	Precipitation 24 hours following

Middle Field - 05/23/2023: Corn, silage

Application date	Application method	Precipitation 24 hours prior	Precipitation during application	Precipitation 24 hours following
05/08/2023	Surface (irrigation)	No precipitation	No precipitation	No precipitation

Source description	Material type	N (lbs/acre)	P (lbs/acre)	K (lbs/acre)	Salt (lbs/acre)	Amount
Irrigation Water - Canal	Surface water	0.00	0.00	0.00	35.36	8,620,800.00 *gal*
Application event totals		0.00	0.00	0.00	35.36	

Application date	Application method	Precipitation 24 hours prior	Precipitation during application	Precipitation 24 hours following
06/29/2023	Surface (irrigation)	No precipitation	No precipitation	No precipitation

Source description	Material type	N (lbs/acre)	P (lbs/acre)	K (lbs/acre)	Salt (lbs/acre)	Amount
Irrigation Water - Canal	Surface water	0.00	0.00	0.00	35.36	8,620,800.00 *gal*
Application event totals		0.00	0.00	0.00	35.36	

Application date	Application method	Precipitation 24 hours prior	Precipitation during application	Precipitation 24 hours following
07/10/2023	Surface (irrigation)	No precipitation	No precipitation	No precipitation

Source description	Material type	N (lbs/acre)	P (lbs/acre)	K (lbs/acre)	Salt (lbs/acre)	Amount
Irrigation Water - Canal	Surface water	0.00	0.00	0.00	36.88	8,991,225.00 *gal*
Application event totals		0.00	0.00	0.00	36.88	

Application date	Application method	Precipitation 24 hours prior	Precipitation during application	Precipitation 24 hours following
07/24/2023	Surface (irrigation)	No precipitation	No precipitation	No precipitation

Source description	Material type	N (lbs/acre)	P (lbs/acre)	K (lbs/acre)	Salt (lbs/acre)	Amount
Lagoon Water	Process wastewater	116.84	16.57	216.83	1,146.09	1,095,000.00 *gal*
Irrigation Water - Canal	Surface water	0.00	0.00	0.00	35.78	8,721,825.00 *gal*
Application event totals		116.84	16.57	216.83	1,181.87	

Application date	Application method	Precipitation 24 hours prior	Precipitation during application	Precipitation 24 hours following
08/06/2023	Surface (irrigation)	No precipitation	No precipitation	No precipitation

Source description	Material type	N (lbs/acre)	P (lbs/acre)	K (lbs/acre)	Salt (lbs/acre)	Amount
Lagoon Water	Process wastewater	116.31	16.50	215.84	1,140.86	1,090,000.00 *gal*
Irrigation Water - Canal	Surface water	0.00	0.00	0.00	35.36	8,620,800.00 *gal*
Application event totals		116.31	16.50	215.84	1,176.22	

Middle Field - 05/23/2023: Corn, silage

Application date	Application method	Precipitation 24 hours prior	Precipitation during application	Precipitation 24 hours following
08/19/2023	Surface (irrigation)	No precipitation	No precipitation	No precipitation

Source description	Material type	N (lbs/acre)	P (lbs/acre)	K (lbs/acre)	Salt (lbs/acre)	Amount
Lagoon Water	Process wastewater	120.04	17.03	222.77	1,177.49	1,125,000.00 *gal*
Irrigation Water - Canal	Surface water	0.00	0.00	0.00	35.78	8,721,825.00 *gal*
Application event totals		120.04	17.03	222.77	1,213.27	

Application date	Application method	Precipitation 24 hours prior	Precipitation during application	Precipitation 24 hours following
09/02/2023	Surface (irrigation)	No precipitation	No precipitation	No precipitation

Source description	Material type	N (lbs/acre)	P (lbs/acre)	K (lbs/acre)	Salt (lbs/acre)	Amount
Irrigation Water - Canal	Surface water	0.00	0.00	0.00	35.78	8,721,825.00 *gal*
Application event totals		0.00	0.00	0.00	35.78	

North Field - 11/27/2022: Oats, silage-soft dough

Field name: North Field

Crop: Oats, silage-soft dough Plant date: 11/27/2022

Application date	Application method	Precipitation 24 hours prior	Precipitation during application	Precipitation 24 hours following
11/23/2022	Surface (irrigation)	No precipitation	No precipitation	No precipitation

Source description	Material type	N (lbs/acre)	P (lbs/acre)	K (lbs/acre)	Salt (lbs/acre)	Amount
Lagoon Water	Process wastewater	100.02	14.19	185.61	981.08	985,000.00 *gal*
Irrigation Water - Hilmar Pump	Ground water	0.21	0.00	0.00	1,114.93	7,889,000.00 *gal*
Application event totals		100.23	14.19	185.61	2,096.00	

Application date	Application method	Precipitation 24 hours prior	Precipitation during application	Precipitation 24 hours following
04/07/2023	Surface (irrigation)	No precipitation	No precipitation	No precipitation

Source description	Material type	N (lbs/acre)	P (lbs/acre)	K (lbs/acre)	Salt (lbs/acre)	Amount
Lagoon Water	Process wastewater	104.59	14.83	194.09	1,025.90	1,030,000.00 *gal*
Irrigation Water - Hilmar Pump	Ground water	0.19	0.00	0.00	1,001.16	7,084,000.00 *gal*
Application event totals		104.78	14.83	194.09	2,027.05	

North Field - 05/23/2023: Corn, silage

North Field - 05/23/2023: Corn, silage

Field name: North Field

Crop: Corn, silage

Plant date: 05/23/2023

Application date	Application method	Precipitation 24 hours prior	Precipitation during application	Precipitation 24 hours following
05/09/2023	Surface (irrigation)	No precipitation	No precipitation	No precipitation

Source description	Material type	N (lbs/acre)	P (lbs/acre)	K (lbs/acre)	Salt (lbs/acre)	Amount
Irrigation Water - Canal	Surface water	0.00	0.00	0.00	36.67	9,395,325.00 *gal*
Application event totals		0.00	0.00	0.00	36.67	

Application date	Application method	Precipitation 24 hours prior	Precipitation during application	Precipitation 24 hours following
06/30/2023	Surface (irrigation)	No precipitation	No precipitation	No precipitation

Source description	Material type	N (lbs/acre)	P (lbs/acre)	K (lbs/acre)	Salt (lbs/acre)	Amount
Irrigation Water - Canal	Surface water	0.00	0.00	0.00	36.54	9,361,650.00 *gal*
Application event totals		0.00	0.00	0.00	36.54	

Application date	Application method	Precipitation 24 hours prior	Precipitation during application	Precipitation 24 hours following
07/11/2023	Surface (irrigation)	No precipitation	No precipitation	No precipitation

Source description	Material type	N (lbs/acre)	P (lbs/acre)	K (lbs/acre)	Salt (lbs/acre)	Amount
Irrigation Water - Canal	Surface water	0.00	0.00	0.00	35.62	9,125,925.00 *gal*
Application event totals		0.00	0.00	0.00	35.62	

Application date	Application method	Precipitation 24 hours prior	Precipitation during application	Precipitation 24 hours following
07/26/2023	Surface (irrigation)	No precipitation	No precipitation	No precipitation

Source description	Material type	N (lbs/acre)	P (lbs/acre)	K (lbs/acre)	Salt (lbs/acre)	Amount
Lagoon Water	Process wastewater	118.80	16.85	220.47	1,165.34	1,170,000.00 *gal*
Irrigation Water - Canal	Surface water	0.00	0.00	0.00	34.96	8,957,550.00 *gal*
Application event totals		118.80	16.85	220.47	1,200.30	

Application date	Application method	Precipitation 24 hours prior	Precipitation during application	Precipitation 24 hours following
08/08/2023	Surface (irrigation)	No precipitation	No precipitation	No precipitation

Source description	Material type	N (lbs/acre)	P (lbs/acre)	K (lbs/acre)	Salt (lbs/acre)	Amount
Lagoon Water	Process wastewater	130.48	18.51	242.14	1,279.88	1,285,000.00 *gal*
Irrigation Water - Canal	Surface water	0.00	0.00	0.00	35.10	8,991,225.00 *gal*
Application event totals		130.48	18.51	242.14	1,314.98	

North Field - 05/23/2023: Corn, silage

Application date	Application method	Precipitation 24 hours prior	Precipitation during application	Precipitation 24 hours following
08/21/2023	Surface (irrigation)	No precipitation	No precipitation	No precipitation

Source description	Material type	N (lbs/acre)	P (lbs/acre)	K (lbs/acre)	Salt (lbs/acre)	Amount
Lagoon Water	Process wastewater	103.82	15.35	251.64	1,225.10	1,230,000.00 *gal*
Irrigation Water - Canal	Surface water	0.00	0.00	0.00	35.10	8,991,225.00 *gal*
Application event totals		103.82	15.35	251.64	1,260.20	

Application date	Application method	Precipitation 24 hours prior	Precipitation during application	Precipitation 24 hours following
09/04/2023	Surface (irrigation)	No precipitation	No precipitation	No precipitation

Source description	Material type	N (lbs/acre)	P (lbs/acre)	K (lbs/acre)	Salt (lbs/acre)	Amount
Irrigation Water - Canal	Surface water	0.00	0.00	0.00	35.88	9,193,275.00 *gal*
Application event totals		0.00	0.00	0.00	35.88	

Pit - 11/27/2022: Oats, silage-soft dough

Field name: Pit

Crop: Oats, silage-soft dough

Plant date: 11/27/2022

Application date	Application method	Precipitation 24 hours prior	Precipitation during application	Precipitation 24 hours following
11/23/2022	Surface (irrigation)	No precipitation	No precipitation	No precipitation

Source description	Material type	N (lbs/acre)	P (lbs/acre)	K (lbs/acre)	Salt (lbs/acre)	Amount
Lagoon Water	Process wastewater	119.05	17.60	288.57	1,404.88	455,000.00 *gal*
Irrigation Water - Hilmar Pump	Ground water	0.24	0.00	0.00	1,259.30	2,874,375.00 *gal*
Application event totals		119.29	17.60	288.57	2,664.18	

Application date	Application method	Precipitation 24 hours prior	Precipitation during application	Precipitation 24 hours following
04/07/2023	Surface (irrigation)	No precipitation	No precipitation	No precipitation

Source description	Material type	N (lbs/acre)	P (lbs/acre)	K (lbs/acre)	Salt (lbs/acre)	Amount
Lagoon Water	Process wastewater	105.97	15.67	256.86	1,250.50	405,000.00 *gal*
Irrigation Water - Hilmar Pump	Ground water	0.25	0.00	0.00	1,289.80	2,944,000.00 *gal*
Application event totals		106.22	15.67	256.86	2,540.30	

Pit - 05/23/2023: Corn, silage

Pit - 05/23/2023: Corn, silage

Field name: Pit

Crop: Corn, silage

Plant date: 05/23/2023

Application date	Application method	Precipitation 24 hours prior	Precipitation during application	Precipitation 24 hours following
05/09/2023	Surface (irrigation)	No precipitation	No precipitation	No precipitation

Source description	Material type	N (lbs/acre)	P (lbs/acre)	K (lbs/acre)	Salt (lbs/acre)	Amount
Irrigation Water - Canal	Surface water	0.00	0.00	0.00	40.34	3,333,825.00 *gal*
Application event totals		0.00	0.00	0.00	40.34	

Application date	Application method	Precipitation 24 hours prior	Precipitation during application	Precipitation 24 hours following
06/30/2023	Surface (irrigation)	No precipitation	No precipitation	No precipitation

Source description	Material type	N (lbs/acre)	P (lbs/acre)	K (lbs/acre)	Salt (lbs/acre)	Amount
Irrigation Water - Canal	Surface water	0.00	0.00	0.00	37.08	3,064,425.00 *gal*
Application event totals		0.00	0.00	0.00	37.08	

Application date	Application method	Precipitation 24 hours prior	Precipitation during application	Precipitation 24 hours following
07/11/2023	Surface (irrigation)	No precipitation	No precipitation	No precipitation

Source description	Material type	N (lbs/acre)	P (lbs/acre)	K (lbs/acre)	Salt (lbs/acre)	Amount
Irrigation Water - Canal	Surface water	0.00	0.00	0.00	37.90	3,131,775.00 *gal*
Application event totals		0.00	0.00	0.00	37.90	

Application date	Application method	Precipitation 24 hours prior	Precipitation during application	Precipitation 24 hours following
07/26/2023	Surface (irrigation)	No precipitation	No precipitation	No precipitation

Source description	Material type	N (lbs/acre)	P (lbs/acre)	K (lbs/acre)	Salt (lbs/acre)	Amount
Lagoon Water	Process wastewater	102.05	15.08	247.35	1,204.18	390,000.00 *gal*
Irrigation Water - Canal	Surface water	0.00	0.00	0.00	37.08	3,064,425.00 *gal*
Application event totals		102.05	15.08	247.35	1,241.26	

Application date	Application method	Precipitation 24 hours prior	Precipitation during application	Precipitation 24 hours following
08/08/2023	Surface (irrigation)	No precipitation	No precipitation	No precipitation

Source description	Material type	N (lbs/acre)	P (lbs/acre)	K (lbs/acre)	Salt (lbs/acre)	Amount
Lagoon Water	Process wastewater	116.47	16.52	216.14	1,142.43	370,000.00 *gal*
Irrigation Water - Canal	Surface water	0.00	0.00	0.00	37.49	3,098,100.00 *gal*
Application event totals		116.47	16.52	216.14	1,179.92	

Pit - 05/23/2023: Corn, silage

Application date	Application method	Precipitation 24 hours prior	Precipitation during application	Precipitation 24 hours following
08/21/2023	Surface (irrigation)	No precipitation	No precipitation	No precipitation

Source description	Material type	N (lbs/acre)	P (lbs/acre)	K (lbs/acre)	Salt (lbs/acre)	Amount
Lagoon Water	Process wastewater	127.48	18.08	236.58	1,250.50	405,000.00 *gal*
Irrigation Water - Canal	Surface water	0.00	0.00	0.00	37.08	3,064,425.00 *gal*
Application event totals		127.48	18.08	236.58	1,287.58	

Application date	Application method	Precipitation 24 hours prior	Precipitation during application	Precipitation 24 hours following
09/04/2023	Surface (irrigation)	No precipitation	No precipitation	No precipitation

Source description	Material type	N (lbs/acre)	P (lbs/acre)	K (lbs/acre)	Salt (lbs/acre)	Amount
Irrigation Water - Canal	Surface water	0.00	0.00	0.00	39.93	3,300,150.00 *gal*
Application event totals		0.00	0.00	0.00	39.93	

South Field - 11/27/2022: Oats, silage-soft dough

Field name: South Field

Crop: Oats, silage-soft dough Plant date: 11/27/2022

Application date	Application method	Precipitation 24 hours prior	Precipitation during application	Precipitation 24 hours following
11/23/2022	Surface (irrigation)	No precipitation	No precipitation	No precipitation

Source description	Material type	N (lbs/acre)	P (lbs/acre)	K (lbs/acre)	Salt (lbs/acre)	Amount
Lagoon Water	Process wastewater	105.09	15.53	254.71	1,240.04	1,245,000.00 *gal*
Irrigation Water - Hilmar Pump	Ground water	0.25	0.00	0.00	1,289.74	9,125,925.00 *gal*
Application event totals		105.33	15.53	254.71	2,529.78	

Application date	Application method	Precipitation 24 hours prior	Precipitation during application	Precipitation 24 hours following
04/07/2023	Surface (irrigation)	No precipitation	No precipitation	No precipitation

Source description	Material type	N (lbs/acre)	P (lbs/acre)	K (lbs/acre)	Salt (lbs/acre)	Amount
Lagoon Water	Process wastewater	108.88	16.10	263.92	1,284.86	1,290,000.00 *gal*
Irrigation Water - Canal	Surface water	0.00	0.00	0.00	36.67	9,395,325.00 *gal*
Application event totals		108.88	16.10	263.92	1,321.53	

South Field - 05/23/2023: Corn, silage

South Field - 05/23/2023: Corn, silage

Field name: South Field

Crop: Corn, silage

Plant date: 05/23/2023

Application date	Application method	Precipitation 24 hours prior	Precipitation during application	Precipitation 24 hours following
05/09/2023	Surface (irrigation)	No precipitation	No precipitation	No precipitation

Source description	Material type	N (lbs/acre)	P (lbs/acre)	K (lbs/acre)	Salt (lbs/acre)	Amount
Irrigation Water - Canal	Surface water	0.00	0.00	0.00	36.94	9,462,675.00 *gal*
Application event totals		0.00	0.00	0.00	36.94	

Application date	Application method	Precipitation 24 hours prior	Precipitation during application	Precipitation 24 hours following
06/30/2023	Surface (irrigation)	No precipitation	No precipitation	No precipitation

Source description	Material type	N (lbs/acre)	P (lbs/acre)	K (lbs/acre)	Salt (lbs/acre)	Amount
Irrigation Water - Canal	Surface water	0.00	0.00	0.00	36.41	9,327,975.00 *gal*
Application event totals		0.00	0.00	0.00	36.41	

Application date	Application method	Precipitation 24 hours prior	Precipitation during application	Precipitation 24 hours following
07/11/2023	Surface (irrigation)	No precipitation	No precipitation	No precipitation

Source description	Material type	N (lbs/acre)	P (lbs/acre)	K (lbs/acre)	Salt (lbs/acre)	Amount
Irrigation Water - Canal	Surface water	0.00	0.00	0.00	36.80	9,429,000.00 *gal*
Application event totals		0.00	0.00	0.00	36.80	

Application date	Application method	Precipitation 24 hours prior	Precipitation during application	Precipitation 24 hours following
07/26/2023	Surface (irrigation)	No precipitation	No precipitation	No precipitation

Source description	Material type	N (lbs/acre)	P (lbs/acre)	K (lbs/acre)	Salt (lbs/acre)	Amount
Lagoon Water	Process wastewater	94.11	13.91	228.11	1,110.56	1,115,000.00 *gal*
Irrigation Water - Canal	Surface water	0.00	0.00	0.00	36.67	9,395,325.00 *gal*
Application event totals		94.11	13.91	228.11	1,147.23	

Application date	Application method	Precipitation 24 hours prior	Precipitation during application	Precipitation 24 hours following
08/08/2023	Surface (irrigation)	No precipitation	No precipitation	No precipitation

Source description	Material type	N (lbs/acre)	P (lbs/acre)	K (lbs/acre)	Salt (lbs/acre)	Amount
Lagoon Water	Process wastewater	111.19	15.77	206.34	1,090.64	1,095,000.00 *gal*
Irrigation Water - Canal	Surface water	0.00	0.00	0.00	36.54	9,361,650.00 *gal*
Application event totals		111.19	15.77	206.34	1,127.18	

South Field - 05/23/2023: Corn, silage

Application date	Application method	Precipitation 24 hours prior	Precipitation during application	Precipitation 24 hours following
08/21/2023	Surface (irrigation)	No precipitation	No precipitation	No precipitation

Source description	Material type	N (lbs/acre)	P (lbs/acre)	K (lbs/acre)	Salt (lbs/acre)	Amount
Lagoon Water	Process wastewater	147.10	12.15	200.13	947.16	1,135,000.00 *gal*
Irrigation Water - Canal	Surface water	0.00	0.00	0.00	36.54	9,361,650.00 *gal*
Application event totals		147.10	12.15	200.13	983.70	

09/04/2023	Surface (irrigation)	No precipitation	No precipitation	No precipitation

Source description	Material type	N (lbs/acre)	P (lbs/acre)	K (lbs/acre)	Salt (lbs/acre)	Amount
Irrigation Water - Canal	Surface water	0.00	0.00	0.00	36.54	9,361,650.00 *gal*
Application event totals		0.00	0.00	0.00	36.54	

B. NUTRIENT BUDGET

Lagoon Field - 11/27/2022: Oats, silage-soft dough

Field name: Lagoon Field Crop: Oats, silage-soft dough Plant date: 11/27/2022

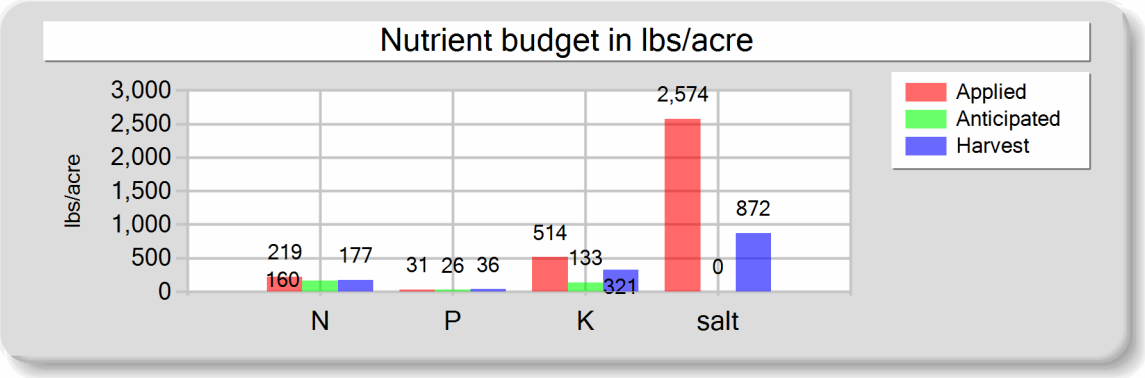

	Total N (lbs/acre)	Total P (lbs/acre)	Total K (lbs/acre)	Total salt (lbs/acre)
Existing soil nutrient content	0.00	0.00	0.00	0.00
Plowdown credit	0.00	0.00	0.00	0.00
Commercial fertilizer / Other	0.00	0.00	0.00	0.00
Dry manure	0.00	0.00	0.00	0.00
Process wastewater	211.94	31.33	513.72	2,501.00
Fresh water	0.00	0.00	0.00	73.47
Atmospheric deposition	7.00	0.00	0.00	0.00
Total nutrients applied	218.94	31.33	513.72	2,574.47
Anticipated crop nutrient removal	160.00	25.60	132.80	0.00
Actual crop nutrient removal	177.00	35.57	320.96	872.27
Nutrient balance	41.95	-4.24	192.76	1,702.20
Applied to removed ratio	1.24	0.88	1.60	2.95

Fresh water applied	
3,036,000.00	*gallons*
111.81	*acre-inches*
11.18	*inches/acre*

Process wastewater applied	
405,000.00	*gallons*
14.91	*acre-inches*
1.49	*inches/acre*

Total harvests for the crop	
1	*harvests*

Lagoon Field - 05/23/2023: Corn, silage

Field name: Lagoon Field Crop: Corn, silage Plant date: 05/23/2023

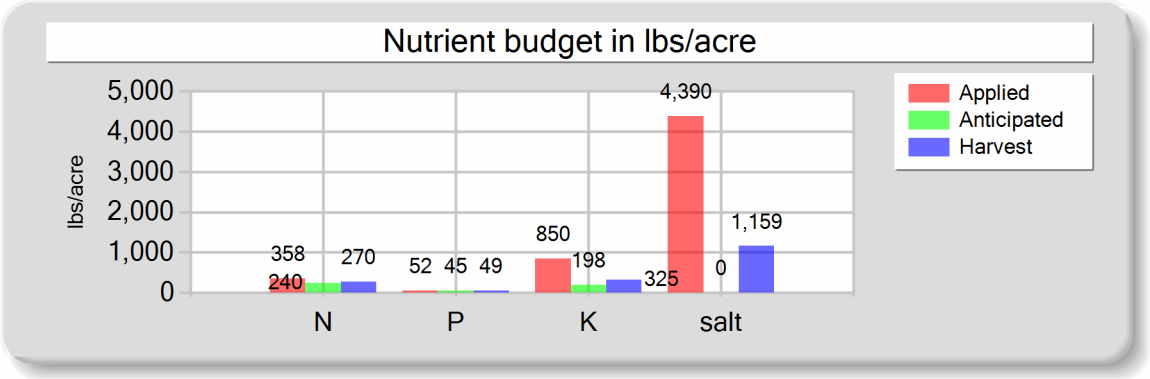

	Total N (lbs/acre)	Total P (lbs/acre)	Total K (lbs/acre)	Total salt (lbs/acre)
Existing soil nutrient content	0.00	0.00	0.00	0.00
Plowdown credit	0.00	0.00	0.00	0.00
Commercial fertilizer / Other	0.00	0.00	0.00	0.00
Dry manure	0.00	0.00	0.00	0.00
Process wastewater	350.62	51.83	849.85	4,137.45
Fresh water	0.00	0.00	0.00	252.64
Atmospheric deposition	7.00	0.00	0.00	0.00
Total nutrients applied	357.62	51.83	849.85	4,390.09
Anticipated crop nutrient removal	240.00	45.00	198.00	0.00
Actual crop nutrient removal	270.47	49.18	324.91	1,159.15
Nutrient balance	87.15	2.65	524.94	3,230.94
Applied to removed ratio	1.32	1.05	2.62	3.79

Fresh water applied	
10,439,250.00	*gallons*
384.44	*acre-inches*
38.44	*inches/acre*

Process wastewater applied	
670,000.00	*gallons*
24.67	*acre-inches*
2.47	*inches/acre*

Total harvests for the crop	
1	*harvests*

Middle Field - 11/27/2022: Oats, silage-soft dough

Field name: Middle Field | Crop: Oats, silage-soft dough | Plant date: 11/27/2022

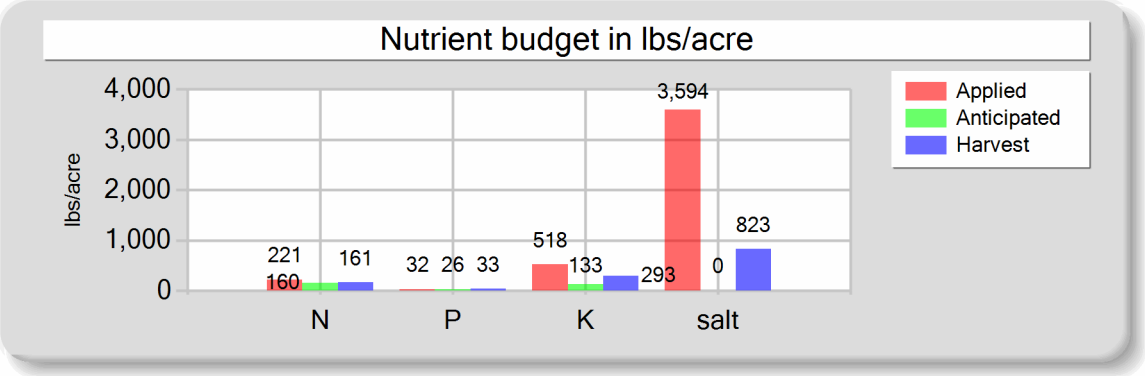

	Total N (lbs/acre)	Total P (lbs/acre)	Total K (lbs/acre)	Total salt (lbs/acre)
Existing soil nutrient content	0.00	0.00	0.00	0.00
Plowdown credit	0.00	0.00	0.00	0.00
Commercial fertilizer / Other	0.00	0.00	0.00	0.00
Dry manure	0.00	0.00	0.00	0.00
Process wastewater	213.76	31.60	518.13	2,522.45
Fresh water	0.20	0.00	0.00	1,071.21
Atmospheric deposition	7.00	0.00	0.00	0.00
Total nutrients applied	220.96	31.60	518.13	3,593.66
Anticipated crop nutrient removal	160.00	25.60	132.80	0.00
Actual crop nutrient removal	160.70	32.92	293.17	823.08
Nutrient balance	60.26	-1.32	224.95	2,770.59
Applied to removed ratio	1.37	0.96	1.77	4.37

Fresh water applied	
16,610,725.00	*gallons*
611.72	*acre-inches*
10.37	*inches/acre*

Process wastewater applied	
2,410,000.00	*gallons*
88.75	*acre-inches*
1.50	*inches/acre*

Total harvests for the crop	
1	*harvests*

Middle Field - 05/23/2023: Corn, silage

Field name: Middle Field | Crop: Corn, silage | Plant date: 05/23/2023

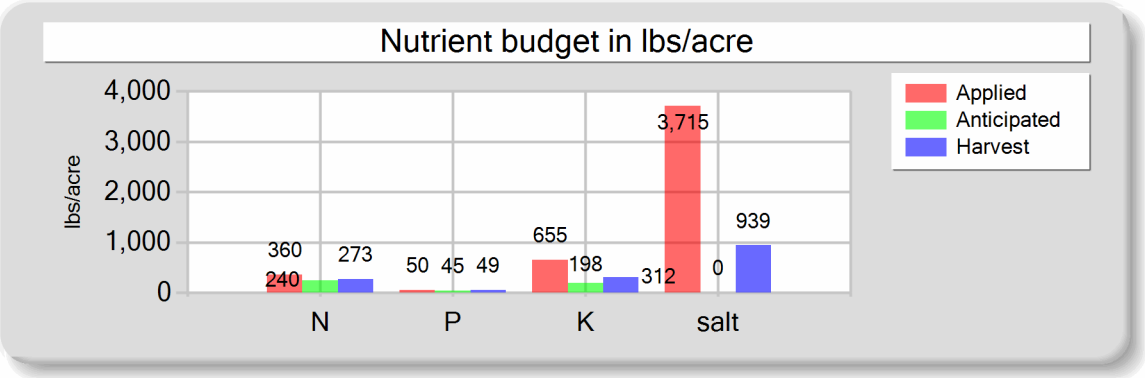

	Total N (lbs/acre)	Total P (lbs/acre)	Total K (lbs/acre)	Total salt (lbs/acre)
Existing soil nutrient content	0.00	0.00	0.00	0.00
Plowdown credit	0.00	0.00	0.00	0.00
Commercial fertilizer / Other	0.00	0.00	0.00	0.00
Dry manure	0.00	0.00	0.00	0.00
Process wastewater	353.19	50.09	655.44	3,464.45
Fresh water	0.00	0.00	0.00	250.29
Atmospheric deposition	7.00	0.00	0.00	0.00
Total nutrients applied	360.19	50.09	655.44	3,714.73
Anticipated crop nutrient removal	240.00	45.00	198.00	0.00
Actual crop nutrient removal	272.64	48.75	312.36	938.89
Nutrient balance	87.55	1.34	343.08	2,775.85
Applied to removed ratio	1.32	1.03	2.10	3.96

Fresh water applied	
61,019,100.00	*gallons*
2,247.13	*acre-inches*
38.09	*inches/acre*

Process wastewater applied	
3,310,000.00	*gallons*
121.90	*acre-inches*
2.07	*inches/acre*

Total harvests for the crop	
1	*harvests*

North Field - 11/27/2022: Oats, silage-soft dough

Field name: North Field | Crop: Oats, silage-soft dough | Plant date: 11/27/2022

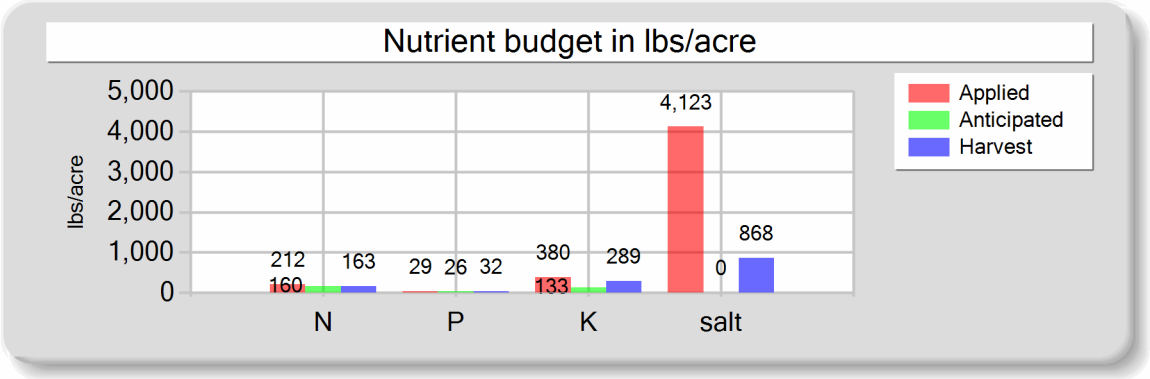

	Total N (lbs/acre)	Total P (lbs/acre)	Total K (lbs/acre)	Total salt (lbs/acre)
Existing soil nutrient content	0.00	0.00	0.00	0.00
Plowdown credit	0.00	0.00	0.00	0.00
Commercial fertilizer / Other	0.00	0.00	0.00	0.00
Dry manure	0.00	0.00	0.00	0.00
Process wastewater	204.60	29.02	379.70	2,006.97
Fresh water	0.40	0.00	0.00	2,116.08
Atmospheric deposition	7.00	0.00	0.00	0.00
Total nutrients applied	212.01	29.02	379.70	4,123.06
Anticipated crop nutrient removal	160.00	25.60	132.80	0.00
Actual crop nutrient removal	162.67	32.06	288.58	868.09
Nutrient balance	49.34	-3.04	91.12	3,254.97
Applied to removed ratio	1.30	0.91	1.32	4.75

Fresh water applied	
14,973,000.00	*gallons*
551.40	*acre-inches*
8.89	*inches/acre*

Process wastewater applied	
2,015,000.00	*gallons*
74.21	*acre-inches*
1.20	*inches/acre*

Total harvests for the crop	
1	*harvests*

North Field - 05/23/2023: Corn, silage

Field name: North Field Crop: Corn, silage Plant date: 05/23/2023

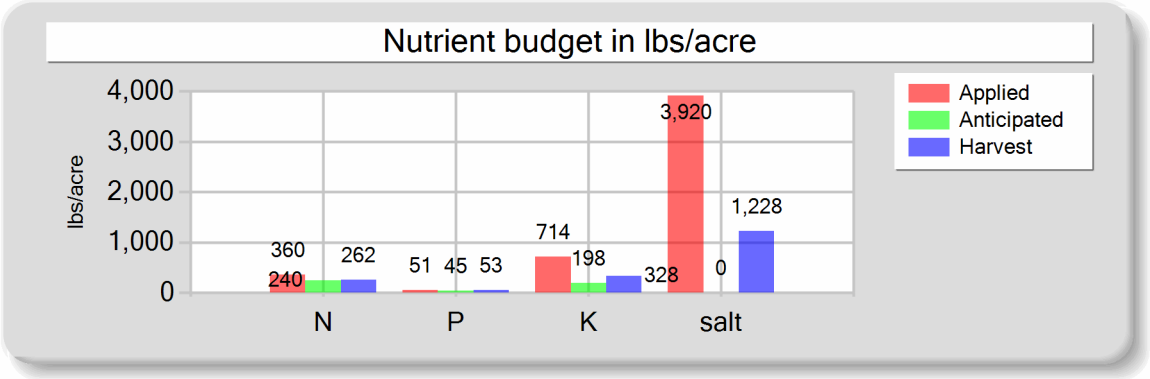

	Total N (lbs/acre)	Total P (lbs/acre)	Total K (lbs/acre)	Total salt (lbs/acre)
Existing soil nutrient content	0.00	0.00	0.00	0.00
Plowdown credit	0.00	0.00	0.00	0.00
Commercial fertilizer / Other	0.00	0.00	0.00	0.00
Dry manure	0.00	0.00	0.00	0.00
Process wastewater	353.10	50.70	714.25	3,670.32
Fresh water	0.00	0.00	0.00	249.87
Atmospheric deposition	7.00	0.00	0.00	0.00
Total nutrients applied	360.10	50.70	714.25	3,920.19
Anticipated crop nutrient removal	240.00	45.00	198.00	0.00
Actual crop nutrient removal	261.67	53.40	327.53	1,228.23
Nutrient balance	98.43	-2.70	386.72	2,691.97
Applied to removed ratio	1.38	0.95	2.18	3.19

Fresh water applied	
64,016,175.00	*gallons*
2,357.50	*acre-inches*
38.02	*inches/acre*

Process wastewater applied	
3,685,000.00	*gallons*
135.71	*acre-inches*
2.19	*inches/acre*

Total harvests for the crop	
1	*harvests*

Pit - 11/27/2022: Oats, silage-soft dough

Field name: Pit | Crop: Oats, silage-soft dough | Plant date: 11/27/2022

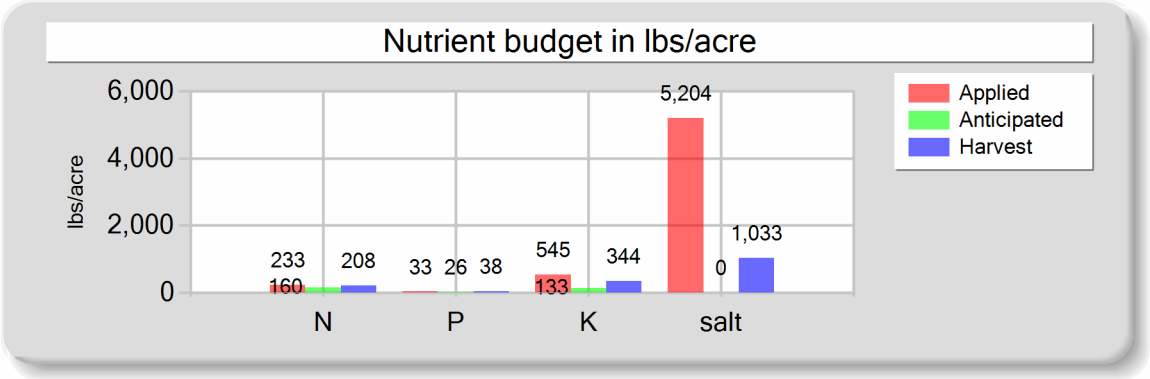

	Total N (lbs/acre)	Total P (lbs/acre)	Total K (lbs/acre)	Total salt (lbs/acre)
Existing soil nutrient content	0.00	0.00	0.00	0.00
Plowdown credit	0.00	0.00	0.00	0.00
Commercial fertilizer / Other	0.00	0.00	0.00	0.00
Dry manure	0.00	0.00	0.00	0.00
Process wastewater	225.03	33.26	545.43	2,655.38
Fresh water	0.49	0.00	0.00	2,549.10
Atmospheric deposition	7.00	0.00	0.00	0.00
Total nutrients applied	232.51	33.26	545.43	5,204.48
Anticipated crop nutrient removal	160.00	25.60	132.80	0.00
Actual crop nutrient removal	208.48	38.40	343.81	1,033.25
Nutrient balance	24.03	-5.14	201.62	4,171.23
Applied to removed ratio	1.12	0.87	1.59	5.04

Fresh water applied	
5,818,375.00	*gallons*
214.27	*acre-inches*
10.71	*inches/acre*

Process wastewater applied	
860,000.00	*gallons*
31.67	*acre-inches*
1.58	*inches/acre*

Total harvests for the crop	
1	*harvests*

Pit - 05/23/2023: Corn, silage

Field name: Pit | Crop: Corn, silage | Plant date: 05/23/2023

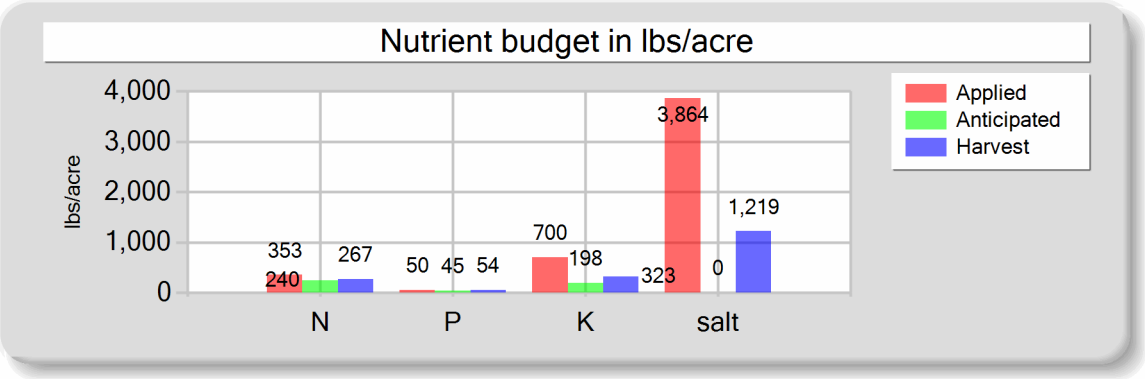

	Total N (lbs/acre)	Total P (lbs/acre)	Total K (lbs/acre)	Total salt (lbs/acre)
Existing soil nutrient content	0.00	0.00	0.00	0.00
Plowdown credit	0.00	0.00	0.00	0.00
Commercial fertilizer / Other	0.00	0.00	0.00	0.00
Dry manure	0.00	0.00	0.00	0.00
Process wastewater	346.00	49.69	700.06	3,597.11
Fresh water	0.00	0.00	0.00	266.90
Atmospheric deposition	7.00	0.00	0.00	0.00
Total nutrients applied	353.00	49.69	700.06	3,864.01
Anticipated crop nutrient removal	240.00	45.00	198.00	0.00
Actual crop nutrient removal	267.09	53.78	322.65	1,218.91
Nutrient balance	85.91	-4.09	377.41	2,645.10
Applied to removed ratio	1.32	0.92	2.17	3.17

Fresh water applied	
22,057,125.00	*gallons*
812.29	*acre-inches*
40.61	*inches/acre*

Process wastewater applied	
1,165,000.00	*gallons*
42.90	*acre-inches*
2.15	*inches/acre*

Total harvests for the crop	
1	*harvests*

South Field - 11/27/2022: Oats, silage-soft dough

Field name: South Field | Crop: Oats, silage-soft dough | Plant date: 11/27/2022

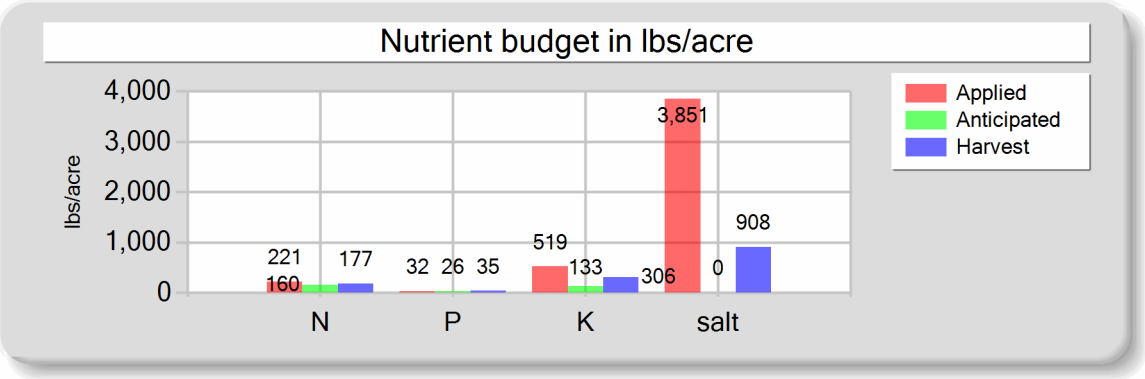

	Total N (lbs/acre)	Total P (lbs/acre)	Total K (lbs/acre)	Total salt (lbs/acre)
Existing soil nutrient content	0.00	0.00	0.00	0.00
Plowdown credit	0.00	0.00	0.00	0.00
Commercial fertilizer / Other	0.00	0.00	0.00	0.00
Dry manure	0.00	0.00	0.00	0.00
Process wastewater	213.97	31.63	518.63	2,524.90
Fresh water	0.25	0.00	0.00	1,326.41
Atmospheric deposition	7.00	0.00	0.00	0.00
Total nutrients applied	221.21	31.63	518.63	3,851.31
Anticipated crop nutrient removal	160.00	25.60	132.80	0.00
Actual crop nutrient removal	176.69	34.68	306.32	908.24
Nutrient balance	44.52	-3.05	212.30	2,943.07
Applied to removed ratio	1.25	0.91	1.69	4.24

Fresh water applied	
18,521,250.00	*gallons*
682.07	*acre-inches*
11.00	*inches/acre*

Process wastewater applied	
2,535,000.00	*gallons*
93.36	*acre-inches*
1.51	*inches/acre*

Total harvests for the crop	
1	*harvests*

South Field - 05/23/2023: Corn, silage

Field name: South Field | Crop: Corn, silage | Plant date: 05/23/2023

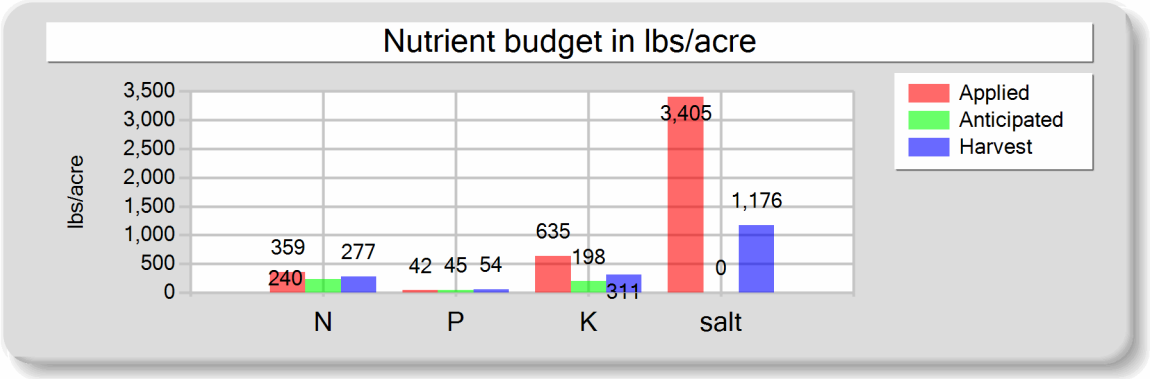

	Total N (lbs/acre)	Total P (lbs/acre)	Total K (lbs/acre)	Total salt (lbs/acre)
Existing soil nutrient content	0.00	0.00	0.00	0.00
Plowdown credit	0.00	0.00	0.00	0.00
Commercial fertilizer / Other	0.00	0.00	0.00	0.00
Dry manure	0.00	0.00	0.00	0.00
Process wastewater	352.40	41.83	634.58	3,148.35
Fresh water	0.00	0.00	0.00	256.45
Atmospheric deposition	7.00	0.00	0.00	0.00
Total nutrients applied	359.40	41.83	634.58	3,404.80
Anticipated crop nutrient removal	240.00	45.00	198.00	0.00
Actual crop nutrient removal	276.60	53.59	311.18	1,175.55
Nutrient balance	82.80	-11.76	323.40	2,229.25
Applied to removed ratio	1.30	0.78	2.04	2.90

Fresh water applied	
65,699,925.00	*gallons*
2,419.50	*acre-inches*
39.02	*inches/acre*

Process wastewater applied	
3,345,000.00	*gallons*
123.18	*acre-inches*
1.99	*inches/acre*

Total harvests for the crop	
1	*harvests*

NUTRIENT ANALYSES

A. MANURE ANALYSES

Solid Manure

Sample and source description: Solid Manure
Sample date: 05/31/2023 Material type: Corral solids Source of analysis: Lab analysis Method of reporting: Dry-weight
Moisture: 6.9 %

	Total N (mg/kg)	Total P (mg/kg)	Total K (mg/kg)	Calcium (mg/kg)	Magnesium (mg/kg)	Sodium (mg/kg)	Sulfur (mg/kg)	Chloride (mg/kg)	Total salt (mg/kg)	TFS (%)
Value	21,300.00	7,000.00	35,300.00							
DL	100.00	100.00	100.00							

Solid Manure

Sample and source description: Solid Manure
Sample date: 10/16/2023 Material type: Corral solids Source of analysis: Lab analysis Method of reporting: Dry-weight
Moisture: 16.1 %

	Total N (mg/kg)	Total P (mg/kg)	Total K (mg/kg)	Calcium (mg/kg)	Magnesium (mg/kg)	Sodium (mg/kg)	Sulfur (mg/kg)	Chloride (mg/kg)	Total salt (mg/kg)	TFS (%)
Value	30,300.00	9,500.00	28,500.00							
DL	100.00	100.00	100.00							

B. PROCESS WASTEWATER ANALYSES

Lagoon Water

Sample and source description: Lagoon Water
Sample date: 02/22/2023 Material type: Process wastewater Source of analysis: Lab analysis pH: 7.80

	Kjeldahl-N (mg/L)	NH4-N (mg/L)	NH3-N (mg/L)	Nitrate-N (mg/L)	Total P (mg/L)	Total K (mg/L)	Calcium (mg/L)	Magnes. (mg/L)	Sodium (mg/L)	Bicarb. (mg/L)	Carb. (mg/L)	Sulfate (mg/L)	Chloride (mg/L)	EC (µmhos/cm)	TDS (mg/L)
Value	961.00	466.00	0.00	1.90	79.50	1,310.00								12,800.00	6,200
DL	1.00	0.50	0.50	0.10	0.10	0.50								10.00	10

Lagoon Water

Sample and source description: Lagoon Water

Sample date: 06/21/2023 Material type: Process wastewater Source of analysis: Lab analysis pH: 7.80

	Kjeldahl-N (mg/L)	NH4-N (mg/L)	NH3-N (mg/L)	Nitrate-N (mg/L)	Total P (mg/L)	Total K (mg/L)	Calcium (mg/L)	Magnes. (mg/L)	Sodium (mg/L)	Bicarb. (mg/L)	Carb. (mg/L)	Sulfate (mg/L)	Chloride (mg/L)	EC (µmhos/cm)	TDS (mg/L)
Value	626.00	500.00	0.00	1.10	92.70	1,520.00								15,300.00	7,400
DL	1.00	0.50	0.50	0.10	0.10	0.50								10.00	10

Lagoon Water

Sample and source description: Lagoon Water

Sample date: 06/25/2023 Material type: Process wastewater Source of analysis: Lab analysis pH: 7.60

	Kjeldahl-N (mg/L)	NH4-N (mg/L)	NH3-N (mg/L)	Nitrate-N (mg/L)	Total P (mg/L)	Total K (mg/L)	Calcium (mg/L)	Magnes. (mg/L)	Sodium (mg/L)	Bicarb. (mg/L)	Carb. (mg/L)	Sulfate (mg/L)	Chloride (mg/L)	EC (µmhos/cm)	TDS (mg/L)
Value	753.00	409.00	0.00	1.40	107.00	1,400.00								12,900.00	7,400
DL	1.00	0.50	0.50	0.10	0.10	0.50								10.00	10

Lagoon Water

Sample and source description: Lagoon Water

Sample date: 11/08/2023 Material type: Process wastewater Source of analysis: Lab analysis pH: 7.60

	Kjeldahl-N (mg/L)	NH4-N (mg/L)	NH3-N (mg/L)	Nitrate-N (mg/L)	Total P (mg/L)	Total K (mg/L)	Calcium (mg/L)	Magnes. (mg/L)	Sodium (mg/L)	Bicarb. (mg/L)	Carb. (mg/L)	Sulfate (mg/L)	Chloride (mg/L)	EC (µmhos/cm)	TDS (mg/L)
Value	798.00	520.00	0.00	0.00	118.00	1,390.00								11,600.00	8,400
DL	1.00	0.50	1.00	1.00	0.10	0.50								10.00	10

C. FRESH WATER ANALYSES

Domestic Well - DW #1

Domestic Well - DW #1

DW #1

Sample description: DW #1

Sample date: 11/20/2023 Source of analysis: Lab analysis

	Total N (mg/L)	NH4-N (mg/L)	Nitrate-N (mg/L)	Calcium (mg/L)	Magnesium (mg/L)	Sodium (mg/L)	Bicarbonate (mg/L)	Carbonate (mg/L)	Sulfate (mg/L)	Chloride (mg/L)	EC (µmhos/cm)	TDS (mg/L)
Value	0.00	0.00	0.00								1,200.00	0
DL	1.00	1.00	1.00								10.00	1

Irrigation Water - Canal

Canal

Sample description: Canal

Sample date: 07/17/2023 Source of analysis: Lab analysis

	Total N (mg/L)	NH4-N (mg/L)	Nitrate-N (mg/L)	Calcium (mg/L)	Magnesium (mg/L)	Sodium (mg/L)	Bicarbonate (mg/L)	Carbonate (mg/L)	Sulfate (mg/L)	Chloride (mg/L)	EC (µmhos/cm)	TDS (mg/L)
Value	0.00	0.00	0.00								33.40	29
DL	1.00	1.00	1.00								10.00	10

Irrigation Water - Hilmar Pump

Hilmar Pump

Sample description: Hilmar Pump

Sample date: 07/19/2023 Source of analysis: Lab analysis

	Total N (mg/L)	NH4-N (mg/L)	Nitrate-N (mg/L)	Calcium (mg/L)	Magnesium (mg/L)	Sodium (mg/L)	Bicarbonate (mg/L)	Carbonate (mg/L)	Sulfate (mg/L)	Chloride (mg/L)	EC (µmhos/cm)	TDS (mg/L)
Value	0.20	0.00	0.20								1,830.00	1,050
DL	0.10	1.00	0.10								10.00	10

D. SOIL ANALYSES

Lagoon Field

Lagoon

Sample and source description: Lagoon

Sample date: 11/10/2023 Source of analysis: Lab analysis

	Nitrate-N (mg/kg)	Total P (mg/kg)	Soluble P (mg/kg)	K (mg/kg)	EC (µmhos/cm)	Organic matter (%)	Total salt (mg/kg)
Value			3,375.00				
DL			1.00				

Middle Field

Middle

Sample and source description: Middle

Sample date: 11/10/2023 Source of analysis: Lab analysis

	Nitrate-N (mg/kg)	Total P (mg/kg)	Soluble P (mg/kg)	K (mg/kg)	EC (µmhos/cm)	Organic matter (%)	Total salt (mg/kg)
Value			1,370.00				
DL			1.00				

North Field

North

Sample and source description: North

Sample date: 11/10/2023 Source of analysis: Lab analysis

	Nitrate-N (mg/kg)	Total P (mg/kg)	Soluble P (mg/kg)	K (mg/kg)	EC (µmhos/cm)	Organic matter (%)	Total salt (mg/kg)
Value			2,380.00				
DL			1.00				

Pit

Pit

Pit

Sample and source description: Pit

Sample date: 11/10/2023 Source of analysis: Lab analysis

	Nitrate-N (mg/kg)	Total P (mg/kg)	Soluble P (mg/kg)	K (mg/kg)	EC (µmhos/cm)	Organic matter (%)	Total salt (mg/kg)
Value			2,406.00				
DL			1.00				

South Field

South

Sample and source description: South

Sample date: 11/10/2023 Source of analysis: Lab analysis

	Nitrate-N (mg/kg)	Total P (mg/kg)	Soluble P (mg/kg)	K (mg/kg)	EC (µmhos/cm)	Organic matter (%)	Total salt (mg/kg)
Value			1,612.00				
DL			1.00				

E. PLANT TISSUE ANALYSES

Lagoon Field - 11/27/2022: Oats, silage-soft dough

Lagoon Field

Sample and source description: Lagoon Field

Sample date: 04/26/2023 Source of analysis: Lab analysis Method of reporting: Dry-weight

Moisture: 58.2 %

	Total N (mg/kg)	Total P (mg/kg)	Total K (mg/kg)	Total salt (mg/kg)	TFS (%)
Value	20,900.00	4,200.00	37,900.00		10.30
DL	100.00	100.00	100.00		0.01

Lagoon Field - 05/23/2023: Corn, silage

Lagoon Field - 05/23/2023: Corn, silage

Lagoon Field

Sample and source description: Lagoon Field

Sample date: 09/15/2023 Source of analysis: Lab analysis Method of reporting: Dry-weight

Moisture: 66.9 %

	Total N (mg/kg)	Total P (mg/kg)	Total K (mg/kg)	Total salt (mg/kg)	TFS (%)
Value	15,400.00	2,800.00	18,500.00		6.60
DL	100.00	100.00	100.00		0.01

Middle Field - 11/27/2022: Oats, silage-soft dough

Middle Field A

Sample and source description: Middle Field A

Sample date: 04/26/2023 Source of analysis: Lab analysis Method of reporting: Dry-weight

Moisture: 54.8 %

	Total N (mg/kg)	Total P (mg/kg)	Total K (mg/kg)	Total salt (mg/kg)	TFS (%)
Value	21,300.00	4,500.00	37,900.00		10.80
DL	100.00	100.00	100.00		0.01

Middle Field B

Sample and source description: Middle Field B

Sample date: 04/26/2023 Source of analysis: Lab analysis Method of reporting: Dry-weight

Moisture: 56.5 %

	Total N (mg/kg)	Total P (mg/kg)	Total K (mg/kg)	Total salt (mg/kg)	TFS (%)
Value	20,500.00	4,200.00	37,400.00		10.50
DL	100.00	100.00	100.00		0.01

Middle Field - 05/23/2023: Corn, silage

Middle Field - 05/23/2023: Corn, silage

Middle Field A

Sample and source description: Middle Field A

Sample date: 09/15/2023 Source of analysis: Lab analysis Method of reporting: Dry-weight

Moisture: 66.4 %

	Total N (mg/kg)	Total P (mg/kg)	Total K (mg/kg)	Total salt (mg/kg)	TFS (%)
Value	15,600.00	2,900.00	18,000.00		6.80
DL	100.00	100.00	100.00		0.01

Middle Field B

Sample and source description: Middle Field B

Sample date: 09/15/2023 Source of analysis: Lab analysis Method of reporting: Dry-weight

Moisture: 66.1 %

	Total N (mg/kg)	Total P (mg/kg)	Total K (mg/kg)	Total salt (mg/kg)	TFS (%)
Value	15,100.00	2,700.00	17,300.00		5.20
DL	100.00	100.00	100.00		0.01

North Field - 11/27/2022: Oats, silage-soft dough

North Field A

Sample and source description: North Field A

Sample date: 04/26/2023 Source of analysis: Lab analysis Method of reporting: Dry-weight

Moisture: 60.5 %

	Total N (mg/kg)	Total P (mg/kg)	Total K (mg/kg)	Total salt (mg/kg)	TFS (%)
Value	21,300.00	4,600.00	40,500.00		11.30
DL	100.00	100.00	100.00		0.01

North Field - 11/27/2022: Oats, silage-soft dough

North Field B

Sample and source description: North Field B

Sample date: 04/26/2023 Source of analysis: Lab analysis Method of reporting: Dry-weight

Moisture: 56.8 %

	Total N (mg/kg)	Total P (mg/kg)	Total K (mg/kg)	Total salt (mg/kg)	TFS (%)
Value	20,800.00	4,100.00	36,900.00		11.10
DL	100.00	100.00	100.00		0.01

North Field - 05/23/2023: Corn, silage

North Field A

Sample and source description: North Field A

Sample date: 09/15/2023 Source of analysis: Lab analysis Method of reporting: Dry-weight

Moisture: 66.4 %

	Total N (mg/kg)	Total P (mg/kg)	Total K (mg/kg)	Total salt (mg/kg)	TFS (%)
Value	14,700.00	3,000.00	18,400.00		6.90
DL	100.00	100.00	100.00		0.01

North Field B

Sample and source description: North Field B

Sample date: 09/15/2023 Source of analysis: Lab analysis Method of reporting: Dry-weight

Moisture: 66.8 %

	Total N (mg/kg)	Total P (mg/kg)	Total K (mg/kg)	Total salt (mg/kg)	TFS (%)
Value	14,900.00	3,000.00	18,000.00		6.70
DL	100.00	100.00	100.00		0.01

Pit - 11/27/2022: Oats, silage-soft dough

Pit - 11/27/2022: Oats, silage-soft dough

Pit

Sample and source description: Pit

Sample date: 04/26/2023 Source of analysis: Lab analysis Method of reporting: Dry-weight

Moisture: 58.7 %

	Total N (mg/kg)	Total P (mg/kg)	Total K (mg/kg)	Total salt (mg/kg)	TFS (%)
Value	22,800.00	4,200.00	37,600.00		11.30
DL	100.00	100.00	100.00		0.01

Pit - 05/23/2023: Corn, silage

Pit

Sample and source description: Pit

Sample date: 09/15/2023 Source of analysis: Lab analysis Method of reporting: Dry-weight

Moisture: 65.7 %

	Total N (mg/kg)	Total P (mg/kg)	Total K (mg/kg)	Total salt (mg/kg)	TFS (%)
Value	14,900.00	3,000.00	18,000.00		6.80
DL	100.00	100.00	100.00		0.01

South Field - 11/27/2022: Oats, silage-soft dough

South Field A

Sample and source description: South Field A

Sample date: 04/26/2023 Source of analysis: Lab analysis Method of reporting: Dry-weight

Moisture: 61.3 %

	Total N (mg/kg)	Total P (mg/kg)	Total K (mg/kg)	Total salt (mg/kg)	TFS (%)
Value	23,100.00	4,400.00	38,100.00		11.40
DL	100.00	100.00	100.00		0.01

South Field - 11/27/2022: Oats, silage-soft dough

South Field B

Sample and source description: South Field B

Sample date: 04/26/2023 Source of analysis: Lab analysis Method of reporting: Dry-weight

Moisture: 59.9 %

	Total N (mg/kg)	Total P (mg/kg)	Total K (mg/kg)	Total salt (mg/kg)	TFS (%)
Value	21,400.00	4,200.00	37,100.00		11.00
DL	100.00	100.00	100.00		0.01

South Field - 05/23/2023: Corn, silage

South Field A

Sample and source description: South Field A

Sample date: 09/15/2023 Source of analysis: Lab analysis Method of reporting: Dry-weight

Moisture: 66.8 %

	Total N (mg/kg)	Total P (mg/kg)	Total K (mg/kg)	Total salt (mg/kg)	TFS (%)
Value	16,000.00	3,100.00	18,000.00		6.80
DL	100.00	100.00	100.00		0.01

South Field B

Sample and source description: South Field B

Sample date: 09/15/2023 Source of analysis: Lab analysis Method of reporting: Dry-weight

Moisture: 66.3 %

	Total N (mg/kg)	Total P (mg/kg)	Total K (mg/kg)	Total salt (mg/kg)	TFS (%)
Value	15,400.00	2,900.00	18,000.00		6.80
DL	100.00	100.00	100.00		0.01

F. SUBSURFACE (TILE) DRAINAGE ANALYSES

No subsurface (tile) drainage analyses entered.

NUTRIENT APPLICATIONS, POTENTIAL REMOVAL, AND BALANCE

A. SUMMARY OF NUTRIENT APPLICATIONS, POTENTIAL REMOVAL, AND BALANCE

	Total N (lbs)	Total P (lbs)	Total K (lbs)	Total salt (lbs)
Existing soil nutrient content	0.00	0.00	0.00	0.00
Plowdown credit	0.00	0.00	0.00	0.00
Commercial fertilizer / Other	0.00	0.00	0.00	0.00
Dry manure	0.00	0.00	0.00	0.00
Process wastewater	120,188.18	16,807.61	247,109.22	1,248,395.31
Fresh water	61.52	0.00	0.00	382,375.96
Atmospheric deposition	2,982.00	0.00	0.00	0.00
Total nutrients applied	123,231.70	16,807.61	247,109.22	1,630,771.27
Anticipated crop nutrient removal	85,200.00	15,037.80	70,460.40	0.00
Actual crop nutrient removal	93,965.65	18,281.33	131,998.10	428,480.07
Nutrient balance	29,266.06	-1,473.73	115,111.12	1,202,291.20
Applied to removed ratio	1.31	0.92	1.87	3.81

B. POUNDS OF NUTRIENT APPLIED VS. CROP REMOVAL

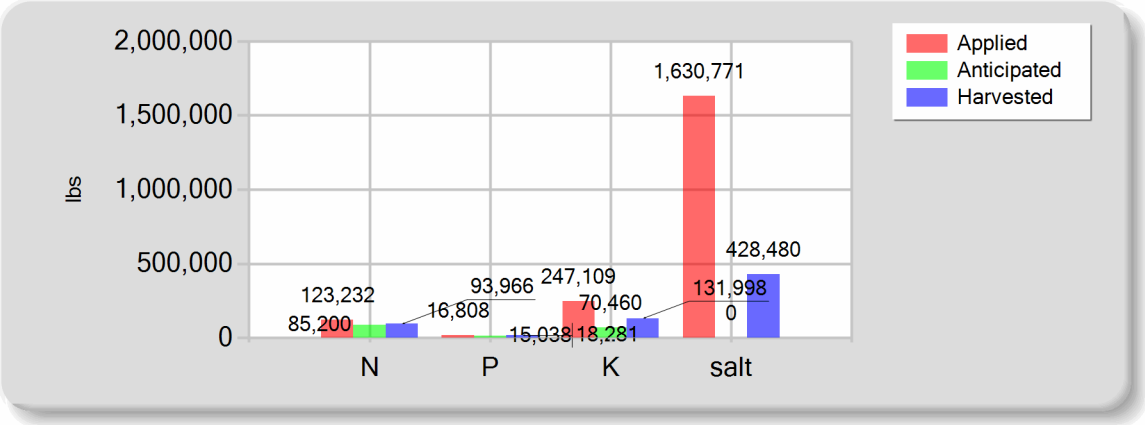

C. POUNDS OF NUTRIENT APPLIED BY MATERIAL TYPE

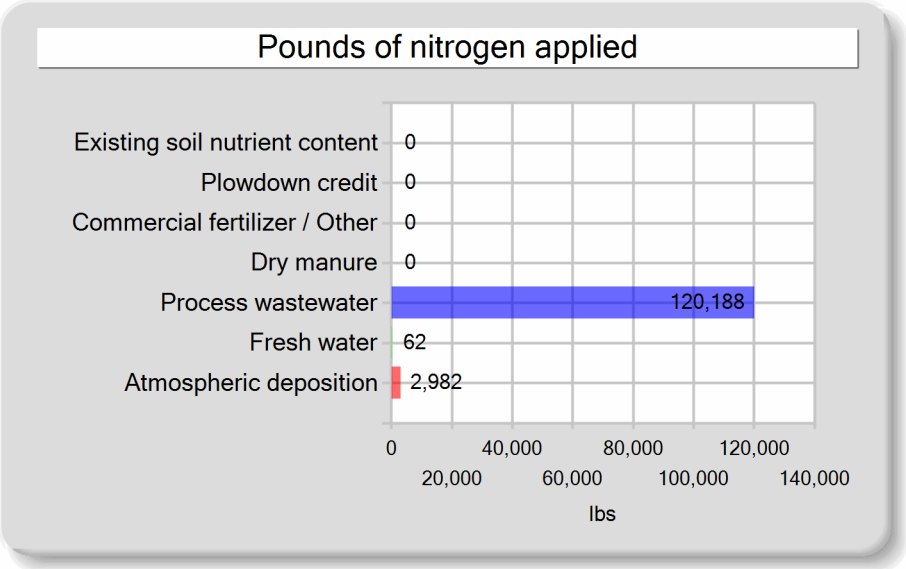

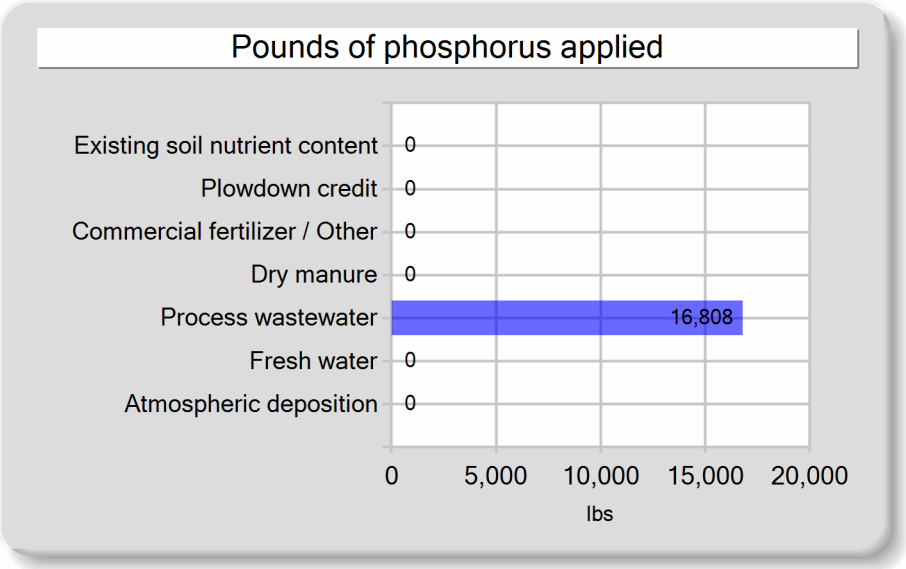

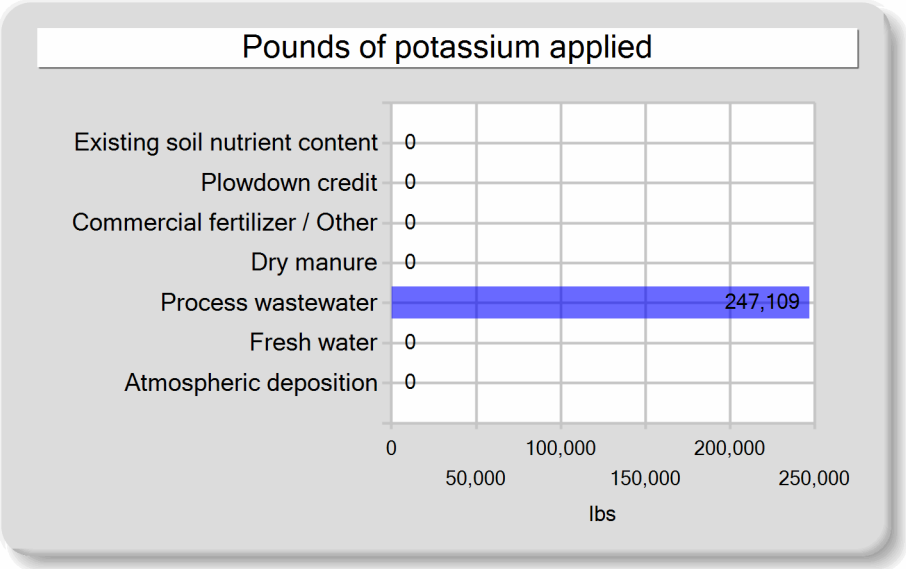

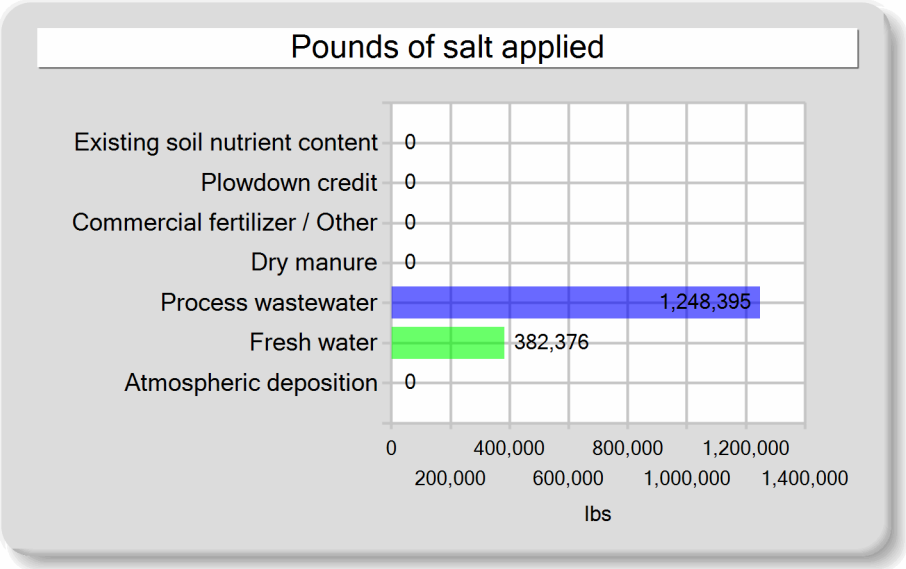

EXCEPTION REPORTING

A. MANURE, PROCESS WASTEWATER, AND OTHER DAIRY WASTE DISCHARGES

The following is a summary of all manure and process wastewater discharges from the production area to surface water or to land areas (land application areas or otherwise) when not in accordance with the facility's Nutrient Management Plan.

No manure or process wastewater discharges occurred during the reporting period.

B. STORM WATER DISCHARGES

The following is a summary of all storm water discharges from the production area to surface water during the reporting period when not in accordance with the facility 's Nutrient Management Plan.

No stormwater discharges occurred during the reporting period.

C. LAND APPLICATION AREA TO SURFACE WATER DISCHARGES

The following is a summary of all discharges from the land application area to surface water that have occurred during the reporting period when not in accordance with the facility's Nutrient Management Plan.

No land application area to surface water discharges occurred during the reporting period.

NUTRIENT MANAGEMENT PLAN AND EXPORT AGREEMENT STATEMENTS

A. NUTRIENT MANAGEMENT PLAN STATEMENTS

Was the facility's NMP updated in the reporting period?	Yes
Was the facility's NMP developed by a certified nutrient management planner (specialist) as specified in Attachment C of the General Order?	Yes
Was the facility's NMP approved by a certified nutrient management planner (specialist) as specified in Attachment C of the General Order?	Yes

B. EXPORT AGREEMENT STATEMENT

Are there any written agreements with third parties to receive manure or process wastewater that are new or were revised within the reporting period?	No

ADDITIONAL NOTES

A. NOTES

*SOILS were reported as P2O5**

CERTIFICATION

A. OWNER AND/OR OPERATOR CERTIFICATION

I certify under penalty of law that I have personally examined and am familiar with the information submitted in this document and all attachments and that, based on my inquiry of those individuals immediately responsible for obtaining the information, I believe that the information is true, accurate, and complete. I am aware that there are significant penalties for submitting false information, including the possibility of fine and imprisonment.

John Dores
John Dores (Jun 20, 2024 16:33 PDT)

SIGNATURE OF OWNER OF FACILITY	SIGNATURE OF OPERATOR OF FACILITY
John Dores	SAME AS OWNER
PRINT OR TYPE NAME	PRINT OR TYPE NAME
06/20/2024	
DATE	DATE

ATTACHMENT D

Manure Tracking Manifest
For
Existing Milk Cow Dairies

Instructions:

1) Complete one manifest for each hauling event, for each destination. A hauling event may last for several days, as long as the manure is being hauled to the same destination.
2) If there are multiple destinations, **complete a separate form for each destination**.
3) The operator must obtain the signature of the hauler upon completion of each manure-hauling event.
4) The operator shall submit copies of manure/process wastewater tracking manifest(s) with the Annual Monitoring Report for Existing Milk Cow Dairies.

Operator Information:

Name of Operator:	**John Dores**
Name of Dairy Facility:	**6D Dores Dairy**
Facility Address:	**25762 Turner Avenue, Hilmar, CA 95324**
Contact Person Name and Phone Number:	**John Dores (209) 632-6402**

Manure Hauler Information:

Name of Hauling Company/Person:	**Dores Ag Services, Inc.**
Address of Hauling Company /Person:	**22846 Second Avenue, Stevinson, CA 95374**
Contact Person and Phone Number:	**Phil Dores (209) 649-4503**

Destination Information:

Composting Facility / Broker / Farmer / Other (identify) **Farmer** (please circle one)

Contact information of Composting Facility, Broker, Farmer, or Other (as identified above):

Name	Number and Street	City	Zip Code	Phone Number
Clauss Dairy Farms	**21670 Bloss Ave**	**Hilmar**	**95324**	**(209) 649-**

Manure/Process Wastewater Destination Address or Assessor's Parcel Number:

Number and Street	City	Zip Code	Assessor's Parcel Number
APN 045-050-032/045-050-033/045-050-034			**Merced**

Dates Hauled: **10/20/23, 10/21/23**

Amount Hauled:

Enter the amount of manure hauled in tons or cubic yards (indicate the units used), the manure solids content (if amount reported in tons) or manure density (if amount reported in cubic yards), and the method used to calculate the amount:

Manure: **455** Tons

Manure Solids Content (if amount reported in tons): **83.88%**

Method used to determine amount of manure: **Number of Truckloads x Average Truck Weight**

Enter the amount of process wastewater hauled in gallons and the method used to determine the amount.

Process Wastewater: **N/A** Gallons

Method used to determine volume of process wastewater: **N/A**

Written Agreement:

****NOT NECESSARY FOR SOLID MANURE MANIFEST****

Certification:
I declare under the penalty of law that I personally examined and am familiar with the information submitted in this document, and that based on my inquiry of those individuals immediately responsible for obtaining the information, I believe that the information is true, accurate, and complete. I am aware that there are significant penalties for submitting false information, including the possibility of a fine and imprisonment for knowing violations.

Operator's Signature: John Dores Date: 06/20/2024
John Dores (Jun 20, 2024 16:33 PDT)

Hauler's Signature: Date: 10/21/2023

DELLAVALLE™
LABORATORY INC

R & J Avila Inc
8119 Ellington Ave
Hilmar, CA 95324

Account# 00-0019840
Account Manager: Ben Nydam
Submitted By: Rui & John Avila
Ranch: 6D Dores Dairy

Received: 07/20/2023 15:38
Reported: 07/28/2023 12:31

Samples in this Report

Lab ID	Sample	Matrix	Sampled By	Crop	Date Sampled
23G1449-01	Hilmar Pump	Ag Water	T. Madruga		07/19/2023 16:00

Default Cooler Temperature on Receipt °C: -2.0
Containers Intact
COC/Labels Agree
Received On Ice

Notes and Definitions

Item	Definition
H	Hold Time Exceeded
MCL	Drinking Water Maximum Contaminant Level
ND	Analyte NOT DETECTED at or above the reporting limit.
NES	Not Enough Sample
*	Not Taken
RPD	Relative Percent Difference
%REC	Percent Recovery
Source	Sample that was matrix spiked or duplicated.

Scott McFriedland

Laboratory Director/Technical Manager

ELAP Certification #1595
A2LA Certification #6440.02

The results in this report apply to the samples as received and were analyzed in accordance with the chain of custody document. This analytical report must be reproduced in its entirety. All results listed in this report are for the exclusive use of the submitting party. Dellavalle Laboratory, Inc. assumes no responsibility for report alteration, separation, detachment or third party interpretation.

DELLAVALLE™
LABORATORY INC

R & J Avila Inc
8119 Ellington Ave
Hilmar, CA 95324

Account# 00-0019840
Account Manager: Ben Nydam
Submitted By: Rui & John Avila
Ranch: 6D Dores Dairy

Received: 07/20/2023 15:38
Reported: 07/28/2023 12:31

Sample Results

Sample: Hilmar Pump
23G1449-01 (Water)

Sampled: 7/19/2023 16:00
Sampled By: T. Madruga

Analyte	Result	Units	Reporting Limit	DIL	DW MCL	Date/Time Analyzed	Method	Notes	Batch
Electrical Conductivity	**1.83**	mmhos/cm	0.01	1		07/26/23 13:56	SM 2510 B		BEG0838
Electrical Conductivity umhos	**1830**	umhos/cm	10.0	1		07/26/23 13:56	SM 2510 B		BEG0838
Nitrate Nitrogen as NO3N	**0.2**	mg/L	0.1	1	10	07/21/23 03:22	EPA 300.0		BEG0659
pH	**7.3**	units	1.0	1		07/26/23 13:56	SM 4500-H+	H	BEG0838
Total Filterable Solids (TDS)	**1050**	mg/L	10.0	1		07/27/23 15:43	SM 2540 C		BEG0710
Temperature	**25.0**	°C	0.0	1		07/26/23 13:56	SM 2510 B		BEG0838
Kjeldahl Nitrogen (TKN), Total	ND	mg/L	1.00	1		07/24/23 11:14	SM 4500-NH3 C		BEG0809
Total Nitrogen	ND	mg/L	1.00	1		07/24/23 11:14	SM 4500-NH3 C		BEG0809

The results in this report apply to the samples as received and were analyzed in accordance with the chain of custody document. This analytical report must be reproduced in its entirety. All results listed in this report are for the exclusive use of the submitting party. Dellavalle Laboratory, Inc. assumes no responsibility for report alteration, separation, detachment or third party interpretation.

DELLAVALLE™
LABORATORY INC

R & J Avila Inc
8119 Ellington Ave
Hilmar, CA 95324

Account# 00-0019840
Account Manager: Ben Nydam
Submitted By: Rui & John Avila
Ranch: 6D Dores Dairy

Received: 07/20/2023 15:38
Reported: 07/28/2023 12:31

Quality Control

Analyte	Result	Qual	Reporting Limit	Units	Spike Level	Source Result	%REC	%REC Limits	RPD	RPD Limit
Batch: BEG0659										
Blank (BEG0659-BLK1)					Prepared & Analyzed: 7/20/2023					
Nitrate Nitrogen as NO3N	ND		0.1	mg/L						
Blank (BEG0659-BLK2)					Prepared & Analyzed: 7/20/2023					
Nitrate Nitrogen as NO3N	ND		0.1	mg/L						
Blank (BEG0659-BLK3)					Prepared & Analyzed: 7/21/2023					
Nitrate Nitrogen as NO3N	ND		0.1	mg/L						
Blank (BEG0659-BLK4)					Prepared & Analyzed: 7/21/2023					
Nitrate Nitrogen as NO3N	ND		0.1	mg/L						
LCS (BEG0659-BS1)					Prepared & Analyzed: 7/20/2023					
Nitrate Nitrogen as NO3N	5.1		0.1	mg/L	5.000		102	90-110		
LCS (BEG0659-BS2)					Prepared & Analyzed: 7/21/2023					
Nitrate Nitrogen as NO3N	5.0		0.1	mg/L	5.000		100	90-110		
LCS (BEG0659-BS3)					Prepared & Analyzed: 7/21/2023					
Nitrate Nitrogen as NO3N	5.0		0.1	mg/L	5.000		100	90-110		
Duplicate (BEG0659-DUP1)		**Source: 23G1426-01**			Prepared & Analyzed: 7/20/2023					
Nitrate Nitrogen as NO3N	0.3		0.1	mg/L		0.3			0.678	10
Duplicate (BEG0659-DUP2)		**Source: 23G1426-06**			Prepared & Analyzed: 7/21/2023					
Nitrate Nitrogen as NO3N	0.2		0.1	mg/L		0.2			0.823	10
Duplicate (BEG0659-DUP3)		**Source: 23G1451-01**			Prepared & Analyzed: 7/21/2023					
Nitrate Nitrogen as NO3N	0.2		0.1	mg/L		0.2			0.411	10
Matrix Spike (BEG0659-MS1)		**Source: 23G1426-01**			Prepared & Analyzed: 7/20/2023					
Nitrate Nitrogen as NO3N	5.4		0.1	mg/L	5.000	0.3	102	90-110		
Matrix Spike (BEG0659-MS2)		**Source: 23G1426-06**			Prepared & Analyzed: 7/21/2023					
Nitrate Nitrogen as NO3N	5.3		0.1	mg/L	5.000	0.2	102	90-110		
Matrix Spike (BEG0659-MS3)		**Source: 23G1451-01**			Prepared & Analyzed: 7/21/2023					
Nitrate Nitrogen as NO3N	5.3		0.1	mg/L	5.000	0.2	102	90-110		
Reference (BEG0659-SRM1)					Prepared & Analyzed: 7/20/2023					
Nitrate Nitrogen as NO3N	10.0			mg/L	10.00		100	90-110		
Reference (BEG0659-SRM2)					Prepared & Analyzed: 7/20/2023					
Nitrate Nitrogen as NO3N	10.3			mg/L	10.00		103	90-110		

The results in this report apply to the samples as received and were analyzed in accordance with the chain of custody document. This analytical report must be reproduced in its entirety. All results listed in this report are for the exclusive use of the submitting party. Dellavalle Laboratory, Inc. assumes no responsibility for report alteration, separation, detachment or third party interpretation.

DELLAVALLE™
LABORATORY INC

R & J Avila Inc
8119 Ellington Ave
Hilmar, CA 95324

Account# 00-0019840
Account Manager: Ben Nydam
Submitted By: Rui & John Avila
Ranch: 6D Dores Dairy

Received: 07/20/2023 15:38
Reported: 07/28/2023 12:31

Quality Control
(Continued)

Analyte	Result	Qual	Reporting Limit	Units	Spike Level	Source Result	%REC	%REC Limits	RPD	RPD Limit
Batch: BEG0659 (Continued)										
Reference (BEG0659-SRM3)					Prepared & Analyzed: 7/21/2023					
Nitrate Nitrogen as NO3N	10.4			mg/L	10.00		104	90-110		
Reference (BEG0659-SRM4)					Prepared & Analyzed: 7/21/2023					
Nitrate Nitrogen as NO3N	10.1			mg/L	10.00		101	90-110		

The results in this report apply to the samples as received and were analyzed in accordance with the chain of custody document. This analytical report must be reproduced in its entirety. All results listed in this report are for the exclusive use of the submitting party. Dellavalle Laboratory, Inc. assumes no responsibility for report alteration, separation, detachment or third party interpretation.

DELLAVALLE™
LABORATORY INC

R & J Avila Inc
8119 Ellington Ave
Hilmar, CA 95324

Account# 00-0019840
Account Manager: Ben Nydam
Submitted By: Rui & John Avila
Ranch: 6D Dores Dairy

Received: 07/20/2023 15:38
Reported: 07/28/2023 12:31

Quality Control
(Continued)

Analyte	Result	Qual	Reporting Limit	Units	Spike Level	Source Result	%REC	%REC Limits	RPD	RPD Limit
Batch: BEG0710										
Blank (BEG0710-BLK1)					Prepared: 7/20/2023	Analyzed: 7/27/2023				
Total Filterable Solids (TDS)	ND		10.0	mg/L						
LCS (BEG0710-BS1)					Prepared: 7/20/2023	Analyzed: 7/27/2023				
Total Filterable Solids (TDS)	28.8		10.0	mg/L	2000		1.44	0-200		
Duplicate (BEG0710-DUP1)		**Source: 23G1435-01**			Prepared: 7/20/2023	Analyzed: 7/27/2023				
Total Filterable Solids (TDS)	2860		10.0	mg/L		2820			1.41	10
Duplicate (BEG0710-DUP2)		**Source: 23G1456-01**			Prepared: 7/20/2023	Analyzed: 7/27/2023				
Total Filterable Solids (TDS)	1030		10.0	mg/L		1040			0.643	10
Reference (BEG0710-SRM1)					Prepared: 7/20/2023	Analyzed: 7/27/2023				
Total Filterable Solids (TDS)	333			mg/L	325.0		103	90-110		
Reference (BEG0710-SRM2)					Prepared: 7/20/2023	Analyzed: 7/27/2023				
Total Filterable Solids (TDS)	517			mg/L	495.0		104	90-110		

The results in this report apply to the samples as received and were analyzed in accordance with the chain of custody document. This analytical report must be reproduced in its entirety. All results listed in this report are for the exclusive use of the submitting party. Dellavalle Laboratory, Inc. assumes no responsibility for report alteration, separation, detachment or third party interpretation.

DELLAVALLE™
LABORATORY INC

R & J Avila Inc
8119 Ellington Ave
Hilmar, CA 95324

Account# 00-0019840
Account Manager: Ben Nydam
Submitted By: Rui & John Avila
Ranch: 6D Dores Dairy

Received: 07/20/2023 15:38
Reported: 07/28/2023 12:31

Quality Control
(Continued)

Analyte	Result	Qual	Reporting Limit	Units	Spike Level	Source Result	%REC	%REC Limits	RPD	RPD Limit
Batch: BEG0809										
Blank (BEG0809-BLK1)					Prepared: 7/21/2023	Analyzed: 7/24/2023				
Kjeldahl Nitrogen (TKN), Total	ND		1.00	mg/L						
Total Nitrogen	ND		1.00	mg/L						
Blank (BEG0809-BLK2)					Prepared: 7/21/2023	Analyzed: 7/24/2023				
Kjeldahl Nitrogen (TKN), Total	ND		1.00	mg/L						
Total Nitrogen	ND		1.00	mg/L						
LCS (BEG0809-BS1)					Prepared: 7/21/2023	Analyzed: 7/24/2023				
Kjeldahl Nitrogen (TKN), Total	5.57		1.00	mg/L	5.709		97.5	90-110		
LCS (BEG0809-BS2)					Prepared: 7/21/2023	Analyzed: 7/24/2023				
Kjeldahl Nitrogen (TKN), Total	5.31		1.00	mg/L	5.709		93.0	90-110		
Duplicate (BEG0809-DUP1)		**Source: 23G1451-01**			Prepared: 7/21/2023	Analyzed: 7/24/2023				
Kjeldahl Nitrogen (TKN), Total	ND		1.40	mg/L		ND				10
Duplicate (BEG0809-DUP2)		**Source: 23G1471-01**			Prepared: 7/21/2023	Analyzed: 7/24/2023				
Kjeldahl Nitrogen (TKN), Total	ND		1.40	mg/L		ND				10
Matrix Spike (BEG0809-MS1)		**Source: 23G1451-01**			Prepared: 7/21/2023	Analyzed: 7/24/2023				
Kjeldahl Nitrogen (TKN), Total	9.32		1.40	mg/L	7.992	ND	117	90-110		
Matrix Spike (BEG0809-MS2)		**Source: 23G1471-01**			Prepared: 7/21/2023	Analyzed: 7/24/2023				
Kjeldahl Nitrogen (TKN), Total	8.23		1.40	mg/L	7.992	ND	103	90-110		
Reference (BEG0809-SRM1)					Prepared: 7/21/2023	Analyzed: 7/24/2023				
Kjeldahl Nitrogen (TKN), Total	23.4			mg/L	23.80		98.4	90-110		

The results in this report apply to the samples as received and were analyzed in accordance with the chain of custody document. This analytical report must be reproduced in its entirety. All results listed in this report are for the exclusive use of the submitting party. Dellavalle Laboratory, Inc. assumes no responsibility for report alteration, separation, detachment or third party interpretation.

DELLAVALLE™ LABORATORY INC

R & J Avila Inc
8119 Ellington Ave
Hilmar, CA 95324

Account# 00-0019840
Account Manager: Ben Nydam
Submitted By: Rui & John Avila
Ranch: 6D Dores Dairy

Received: 07/20/2023 15:38
Reported: 07/28/2023 12:31

Quality Control
(Continued)

Analyte	Result	Qual	Reporting Limit	Units	Spike Level	Source Result	%REC	%REC Limits	RPD	RPD Limit
Batch: BEG0838										
Blank (BEG0838-BLK1)					Prepared: 7/24/2023	Analyzed: 7/26/2023				
pH	5.5		1.0	units						
Electrical Conductivity	ND		0.01	mmhos/cm						
Temperature	25.0		0.0	°C						
Electrical Conductivity umhos	ND		10.0	umhos/cm						
Blank (BEG0838-BLK2)					Prepared: 7/24/2023	Analyzed: 7/26/2023				
pH	5.9		1.0	units						
Electrical Conductivity	ND		0.01	mmhos/cm						
Temperature	25.0		0.0	°C						
Electrical Conductivity umhos	ND		10.0	umhos/cm						
Blank (BEG0838-BLK3)					Prepared: 7/24/2023	Analyzed: 7/26/2023				
Electrical Conductivity	ND		0.01	mmhos/cm						
pH	6.0		1.0	units						
Temperature	25.0		0.0	°C						
Electrical Conductivity umhos	ND		10.0	umhos/cm						
Duplicate (BEG0838-DUP1)		**Source: 23G1468-01**			Prepared: 7/24/2023	Analyzed: 7/26/2023				
pH	7.6		1.0	units		7.6			0.264	10
Electrical Conductivity	2.35		0.01	mmhos/cm		2.37			0.729	10
Electrical Conductivity umhos	2350		10.0	umhos/cm		2370			0.729	10
Duplicate (BEG0838-DUP2)		**Source: 23G1476-06**			Prepared: 7/24/2023	Analyzed: 7/26/2023				
pH	7.7		1.0	units		7.7			0.260	10
Electrical Conductivity	0.96		0.01	mmhos/cm		0.97			0.894	10
Electrical Conductivity umhos	958		10.0	umhos/cm		966			0.894	10
Reference (BEG0838-SRM1)					Prepared: 7/24/2023	Analyzed: 7/26/2023				
Electrical Conductivity	525			umhos/cm	538.0		97.5	90-110		
Reference (BEG0838-SRM2)					Prepared: 7/24/2023	Analyzed: 7/26/2023				
pH	7.8			units	7.790		100	.7163-101.28		
Reference (BEG0838-SRM3)					Prepared: 7/24/2023	Analyzed: 7/26/2023				
Electrical Conductivity	975			umhos/cm	1000		97.5	90-110		
Reference (BEG0838-SRM4)					Prepared: 7/24/2023	Analyzed: 7/26/2023				
Electrical Conductivity	974			umhos/cm	1000		97.4	90-110		
Reference (BEG0838-SRM5)					Prepared: 7/24/2023	Analyzed: 7/26/2023				
Electrical Conductivity	982			umhos/cm	1000		98.2	90-110		
Reference (BEG0838-SRM6)					Prepared: 7/24/2023	Analyzed: 7/26/2023				

The results in this report apply to the samples as received and were analyzed in accordance with the chain of custody document. This analytical report must be reproduced in its entirety. All results listed in this report are for the exclusive use of the submitting party. Dellavalle Laboratory, Inc. assumes no responsibility for report alteration, separation, detachment or third party interpretation.

DELLAVALLE™
LABORATORY INC

R & J Avila Inc
8119 Ellington Ave
Hilmar, CA 95324

Account# 00-0019840
Account Manager: Ben Nydam
Submitted By: Rui & John Avila
Ranch: 6D Dores Dairy

Received: 07/20/2023 15:38
Reported: 07/28/2023 12:31

Quality Control
(Continued)

Analyte	Result	Qual	Reporting Limit	Units	Spike Level	Source Result	%REC	%REC Limits	RPD	RPD Limit
Batch: BEG0838 (Continued)										
Reference (BEG0838-SRM6)					Prepared: 7/24/2023	Analyzed: 7/26/2023				
pH	4.0			units	4.000		101	97.5-102.5		
Reference (BEG0838-SRM7)					Prepared: 7/24/2023	Analyzed: 7/26/2023				
pH	4.0			units	4.000		101	97.5-102.5		
Reference (BEG0838-SRM8)					Prepared: 7/24/2023	Analyzed: 7/26/2023				
pH	4.0			units	4.000		100	97.5-102.5		

The results in this report apply to the samples as received and were analyzed in accordance with the chain of custody document. This analytical report must be reproduced in its entirety. All results listed in this report are for the exclusive use of the submitting party. Dellavalle Laboratory, Inc. assumes no responsibility for report alteration, separation, detachment or third party interpretation.

07/20/23 15:38 23G1449

.9

DELLAVALLE LABORATORY, INC.

1910 W. McKinley Avenue, Suite 110 • Fresno, CA 93728
www.dellavallelab.com 559 233-6129 · 800 228-9896 · Fax 559 268-8174

No. Samples 1 No. of Bottles:

Purchase Order No | Bill To: Acct # 19840 | Cons # 08

Results Need By

Water Type: [ ] Drinking Water [ ] Wastewater
[X] Ag Water [ ] Groundwater [ ] Monitoring Well

Name: R & J Avila Inc
Address: 8119 Ellington Avenue
City: Hilmar **State: CA** **Zip:** 95324
Telephone: (209) 669-7919 **Fax:** (209) 634-4604
Cell/Email: 209 678-3086 Rui / 209 678-1723 John frontdesk.randjavila@gmail.com
COPY TO:

REQUESTED BY: Rui & John Avila
PROJECT 6D Dores Dairy
ID CROP: N/A

[X] Copy of Chain [X] QA/QC Documents
Sampled By: T. Madruga

Other:

Analysis and Bottles Required: (Please indicate Analysis)

( ) DWW1: EC, pH, NO_3-N (NH4-N Field Test)
(1-1 Liter Plastic, Unpreserved) White Per Sample
( ) DWW2: DWW1 Plus SO_4, CO_3, HCO_3, Cl, Ca, Mg, Na, TDS
(1-1 Liter Plastic, Unpreserved) White Per Sample
(X) DCW1: EC, NO_3-N, TDS + TKN & TN
(1-1 Liter Plastic, Unpreserved) White Per Sample
( ) DPW1: EC, pH, NO_3-N, NH_4-N, TKN, TDS, TP, TK
(1-1 Liter Plastic, Unpreserved) White Per Sample
( ) DPW2: DPW1 Plus SO_4, CO_3, HCO_3, Cl, Ca, Mg, Na
(1-1 Liter Plastic, Unpreserved) White Per Sample
( ) Other

	Description of Samples	Date Sampled	Time Sampled	Rec'd Temp °C	Field NH_4-N
1	Hilmar Pump	7/19/2023	1600	-2.0	
2					
3					
4					
5					
6					
7					
8					
9					
10					

IR Thermometer SN: 200560723
Correction Factor: 0°C
Calibration Due: 9/26/2023
Location: Laboratory

CHAIN OF CUSTODY

Carrier	Signature	Company	Received (Date/Time)	Relinquished (Date/Time)
First	John Avila	R & J Avila, Inc.	7/19/2023 @ 1600	7/20/23 @ 900
Second	[illegible]	Dellavalle Laboratory, Inc.	7/20/23@ 900	7/20
Third				
Fourth	JVZ	DLI	7/20/23 15:38	

I guarantee that as the client, or on behalf of client named, I have the authority to contract the above requested services. Should it be found that I do not have such authority, I agree to be personally liable for all costs and, if there should be action against me for this breach, reasonable attorneys' fees. It is understood that payment is expected to be cash with samples unless terms have been previously arranged. Terms are net 30 days; overdue accounts will be charged a liquidated damage fee of 2% per month (annually 24%) or $5.00 per month whichever is greater.
If payment is not made when due and a legitimate dispute exists concerning the product or services of Dellavalle Laboratory, Inc., it will be submitted to mediation under the Rules and Procedures of Creative Alternative to Litigation, Inc. (*cal*). If the dispute is not resolved in mediation, then the dispute will be submitted to binding arbitration through ***cal*** under its Rules and Procedures. The parties will equally bear the costs of mediation/arbitration. If, however, the mediator declares that no legitimate dispute exists, then debtor will pay all mediation and arbitration costs, and in the event of arbitration,reasonable attorneys' fees of Dellavalle Laboratory.

Invoicing Information: ***Shipping***
Sampling hrs $ In
Miles $ Out
Consulting

Amt Paid	Rec By	Check #	Date

Signature

Samples recieved in cooler with ice (coolant)
[ ] Yes [ ] No

07/20/23 15:38 23G1449

Shipping Information: Fed Ex ☐ UPS ☐ GSO ☐ Picked-Up ☒ Walk In ☐ DLI Sampler ☐
Ontrac ☐ PMS ☐ USPS ☐ Other ☐ _____

Shipping Container: Ice Chest ☒ None ☐ Box ☐

Refrigerant: Wet Ice: ☒ Blue Ice: ☐ None: ☐

Container(s) Received	1	2	3	4	5	6	7	8	9	10
Plastics:										
100 mL sterile plastic $Na_2S_2O_3$ (Green)										
250 mL unpreserved (White)										
250 mL HNO_3 (Red)										
250 mL H_2SO_4 (Yellow)	1									
500 mL unpreserved (White)										
500 mL HNO_3 (Red)										
500 mL H_2SO_4 (Yellow)										
1 L unpreserved (White)	1									
1 L unpreserved (BOD) (Purple)										
1 L HNO_3 (Red)										
1 L H_2SO_4 (Yellow)										
VOA Vials in sets of 3:										
40 mL VOA, HCl (Blue)										
40 mL VOA, $Na_2S_2O_3$ (Green)										
40 mL VOA, unpreserved (White)										
Glass:										
250 mL AG unpreserved (White)										
250 mL AG H_2SO_4 (Yellow)										
250 mL AG $Na_2S_2O_3$ (Green)										
250 mL AG $Na_2S_2O_3$ + MCAA										
500 mL glass unpreserved (White)										
500 mL AG HCl (Blue)										
1 L AG unpreserved (White)										
1 L AG H_2SO_4 (Yellow)										
1 L AG $Na_2S_2O_3$ (Green)										
1 L AG HCl (Blue)										
Special:										
Cr^{6+} w/Borate/HCO3/CO3										
Cyanide - 500 mL NaOH										
Asbestos - 2 - 1L P wrapped in foil										
500 mL or 1 L **AP** $Na_2S_2O_3$ (Green)										
1 L **AG** or **P** NaOH + ZnAc (Sulfide)										
Chlorite/Bromate 250 mL AG with EDA										
TTHM										
HAA5										
40 mL VOA, $Na_2S_2O_3$ + MCAA										

pH Strips
Lot 10BDH4501
Exp. Jan. 2025

DELLAVALLE™
LABORATORY INC

R & J Avila Inc
8119 Ellington Ave
Hilmar, CA 95324

Account# 00-0019840
Account Manager: Ben Nydam
Submitted By: Rui & John Avila
Ranch: 6D Dores Dairy

Received: 11/21/2023 16:09
Reported: 11/29/2023 11:30

Samples in this Report

Lab ID	Sample	Matrix	Sampled By	Crop	Date Sampled
23K1078-01	DW #1	Ag Water	T. Madruga		11/20/2023 16:00

Default Cooler Temperature on Receipt °C: 1.5
Containers Intact
COC/Labels Agree
Received On Ice

Notes and Definitions

Item	Definition
H	Hold Time Exceeded
MCL	Drinking Water Maximum Contaminant Level
ND	Analyte NOT DETECTED at or above the reporting limit.
NES	Not Enough Sample
*	Not Taken
RPD	Relative Percent Difference
%REC	Percent Recovery
Source	Sample that was matrix spiked or duplicated.

Scott McFriedland

Laboratory Director/Technical Manager

ELAP Certification #1595
A2LA Certification #6440.02

The results in this report apply to the samples as received and were analyzed in accordance with the chain of custody document. This analytical report must be reproduced in its entirety. All results listed in this report are for the exclusive use of the submitting party. Dellavalle Laboratory, Inc. assumes no responsibility for report alteration, separation, detachment or third party interpretation.

DELLAVALLE™
LABORATORY INC

R & J Avila Inc
8119 Ellington Ave
Hilmar, CA 95324

Account# 00-0019840
Account Manager: Ben Nydam
Submitted By: Rui & John Avila
Ranch: 6D Dores Dairy

Received: 11/21/2023 16:09
Reported: 11/29/2023 11:30

Sample Results

Sample: DW #1
23K1078-01 (Water)

Sampled: 11/20/2023 16:00
Sampled By: T. Madruga

Analyte	Result	Units	Reporting Limit	DIL	DW MCL	Date/Time Analyzed	Method	Notes	Batch
Electrical Conductivity	**1.20**	mmhos/cm	0.01	1		11/28/23 15:10	SM 2510 B		BEK0749
Electrical Conductivity umhos	**1200**	umhos/cm	10.0	1		11/28/23 15:10	SM 2510 B		BEK0749
Ammonia (as N)	ND	mg/L	0.00	1		11/20/23 16:00	Field		BEK0703
Nitrate Nitrogen as NO3N	ND	mg/L	0.1	1	10	11/22/23 02:59	EPA 300.0		BEK0692
Temperature	**25.0**	units	0.0	1		11/28/23 15:10	SM 4500-H+	H	BEK0749
pH	**8.1**	units	1.0	1		11/28/23 15:10	SM 4500-H+	H	BEK0749

The results in this report apply to the samples as received and were analyzed in accordance with the chain of custody document. This analytical report must be reproduced in its entirety. All results listed in this report are for the exclusive use of the submitting party. Dellavalle Laboratory, Inc. assumes no responsibility for report alteration, separation, detachment or third party interpretation.

DELLAVALLE™ LABORATORY INC

R & J Avila Inc
8119 Ellington Ave
Hilmar, CA 95324

Account# 00-0019840
Account Manager: Ben Nydam
Submitted By: Rui & John Avila
Ranch: 6D Dores Dairy

Received: 11/21/2023 16:09
Reported: 11/29/2023 11:30

Quality Control

Analyte	Result	Qual	Reporting Limit	Units	Spike Level	Source Result	%REC	%REC Limits	RPD	RPD Limit
Batch: BEK0692										
Blank (BEK0692-BLK1)					Prepared & Analyzed: 11/21/2023					
Nitrate Nitrogen as NO3N	ND		0.1	mg/L						
Blank (BEK0692-BLK2)					Prepared & Analyzed: 11/21/2023					
Nitrate Nitrogen as NO3N	ND		0.1	mg/L						
Blank (BEK0692-BLK3)					Prepared: 11/21/2023 Analyzed: 11/22/2023					
Nitrate Nitrogen as NO3N	ND		0.1	mg/L						
LCS (BEK0692-BS1)					Prepared: 11/21/2023 Analyzed: 11/22/2023					
Nitrate Nitrogen as NO3N	5.2		0.1	mg/L	5.000		105	90-110		
LCS (BEK0692-BS2)					Prepared: 11/21/2023 Analyzed: 11/22/2023					
Nitrate Nitrogen as NO3N	5.3		0.1	mg/L	5.000		106	90-110		
Duplicate (BEK0692-DUP1)		**Source: 23K1075-02**			Prepared: 11/21/2023 Analyzed: 11/22/2023					
Nitrate Nitrogen as NO3N	0.1		0.1	mg/L		0.1			2.76	10
Duplicate (BEK0692-DUP2)		**Source: 23K1076-02**			Prepared: 11/21/2023 Analyzed: 11/22/2023					
Nitrate Nitrogen as NO3N	5.1		0.1	mg/L		5.1			0.452	10
Matrix Spike (BEK0692-MS1)		**Source: 23K1075-02**			Prepared: 11/21/2023 Analyzed: 11/22/2023					
Nitrate Nitrogen as NO3N	5.2		0.1	mg/L	5.000	0.1	101	90-110		
Matrix Spike (BEK0692-MS2)		**Source: 23K1076-02**			Prepared: 11/21/2023 Analyzed: 11/22/2023					
Nitrate Nitrogen as NO3N	10.3		0.1	mg/L	5.000	5.1	103	90-110		
Reference (BEK0692-SRM1)					Prepared & Analyzed: 11/21/2023					
Nitrate Nitrogen as NO3N	10.3			mg/L	10.00		103	90-110		
Reference (BEK0692-SRM2)					Prepared: 11/21/2023 Analyzed: 11/22/2023					
Nitrate Nitrogen as NO3N	10.3			mg/L	10.00		103	90-110		
Reference (BEK0692-SRM3)					Prepared: 11/21/2023 Analyzed: 11/22/2023					
Nitrate Nitrogen as NO3N	10.3			mg/L	10.00		103	90-110		

The results in this report apply to the samples as received and were analyzed in accordance with the chain of custody document. This analytical report must be reproduced in its entirety. All results listed in this report are for the exclusive use of the submitting party. Dellavalle Laboratory, Inc. assumes no responsibility for report alteration, separation, detachment or third party interpretation.

DELLAVALLE™ LABORATORY INC

R & J Avila Inc
8119 Ellington Ave
Hilmar, CA 95324

Account# 00-0019840
Account Manager: Ben Nydam
Submitted By: Rui & John Avila
Ranch: 6D Dores Dairy

Received: 11/21/2023 16:09
Reported: 11/29/2023 11:30

Quality Control
(Continued)

Analyte	Result	Qual	Reporting Limit	Units	Spike Level	Source Result	%REC	%REC Limits	RPD	RPD Limit
Batch: BEK0749										
Blank (BEK0749-BLK1)					Prepared: 11/22/2023	Analyzed: 11/28/2023				
Temperature	25.0		0.0	units						
Electrical Conductivity	ND		0.01	mmhos/cm						
pH	5.5		1.0	units						
Electrical Conductivity umhos	ND		10.0	umhos/cm						
Blank (BEK0749-BLK2)					Prepared: 11/22/2023	Analyzed: 11/28/2023				
Electrical Conductivity	ND		0.01	mmhos/cm						
Temperature	25.0		0.0	units						
Electrical Conductivity umhos	ND		10.0	umhos/cm						
pH	6.0		1.0	units						
Blank (BEK0749-BLK3)					Prepared: 11/22/2023	Analyzed: 11/28/2023				
Electrical Conductivity	ND		0.01	mmhos/cm						
Temperature	25.0		0.0	units						
pH	6.5		1.0	units						
Electrical Conductivity umhos	ND		10.0	umhos/cm						
Duplicate (BEK0749-DUP1)		**Source: 23K1078-01**			Prepared: 11/22/2023	Analyzed: 11/28/2023				
Electrical Conductivity	1.17		0.01	mmhos/cm		1.20			2.76	10
pH	8.0		1.0	units		8.1			0.248	10
Electrical Conductivity umhos	1170		10.0	umhos/cm		1200			2.76	10
Duplicate (BEK0749-DUP2)		**Source: 23K1126-02**			Prepared: 11/22/2023	Analyzed: 11/28/2023				
Electrical Conductivity	1.82		0.01	mmhos/cm		1.81			0.727	10
Electrical Conductivity umhos	1820		10.0	umhos/cm		1810			0.727	10
pH	8.0		1.0	units		8.0			0.125	10
Reference (BEK0749-SRM1)					Prepared: 11/22/2023	Analyzed: 11/28/2023				
Electrical Conductivity	552			umhos/cm	538.0		103	90-110		
Reference (BEK0749-SRM2)					Prepared: 11/22/2023	Analyzed: 11/28/2023				
pH	7.5			units	7.520		100	67021-101.32		
Reference (BEK0749-SRM3)					Prepared: 11/22/2023	Analyzed: 11/28/2023				
Electrical Conductivity	1040			umhos/cm	1000		104	90-110		
Electrical Conductivity umhos	1040			umhos/cm	1000		104	90-110		
Reference (BEK0749-SRM4)					Prepared: 11/22/2023	Analyzed: 11/28/2023				
Electrical Conductivity	1050			umhos/cm	1000		105	90-110		
Electrical Conductivity umhos	1050			umhos/cm	1000		105	90-110		
Reference (BEK0749-SRM5)					Prepared: 11/22/2023	Analyzed: 11/28/2023				
Electrical Conductivity	1060			umhos/cm	1000		106	90-110		

The results in this report apply to the samples as received and were analyzed in accordance with the chain of custody document. This analytical report must be reproduced in its entirety. All results listed in this report are for the exclusive use of the submitting party. Dellavalle Laboratory, Inc. assumes no responsibility for report alteration, separation, detachment or third party interpretation.

DELLAVALLE™
LABORATORY INC

R & J Avila Inc
8119 Ellington Ave
Hilmar, CA 95324

Account# 00-0019840
Account Manager: Ben Nydam
Submitted By: Rui & John Avila
Ranch: 6D Dores Dairy

Received: 11/21/2023 16:09
Reported: 11/29/2023 11:30

Quality Control
(Continued)

Analyte	Result	Qual	Reporting Limit	Units	Spike Level	Source Result	%REC	%REC Limits	RPD	RPD Limit
Batch: BEK0749 (Continued)										
Reference (BEK0749-SRM5)					Prepared: 11/22/2023	Analyzed: 11/28/2023				
Electrical Conductivity umhos	1060			umhos/cm	1000		106	90-110		
Reference (BEK0749-SRM6)					Prepared: 11/22/2023	Analyzed: 11/28/2023				
pH	4.0			units	4.000		101	97.5-102.5		
Reference (BEK0749-SRM7)					Prepared: 11/22/2023	Analyzed: 11/28/2023				
pH	4.0			units	4.000		101	97.5-102.5		
Reference (BEK0749-SRM8)					Prepared: 11/22/2023	Analyzed: 11/28/2023				
pH	4.0			units	4.000		101	97.5-102.5		

The results in this report apply to the samples as received and were analyzed in accordance with the chain of custody document. This analytical report must be reproduced in its entirety. All results listed in this report are for the exclusive use of the submitting party. Dellavalle Laboratory, Inc. assumes no responsibility for report alteration, separation, detachment or third party interpretation.

11/21/23 16:09 23K1078

DELLAVALLE LABORATORY, INC.

1910 W. McKinley Avenue, Suite 110 • Fresno, CA 93728
www.dellavallelab.com 559 233-6129 · 800 228-9896 · Fax 559 268-8174

No. Samples: 1 No. of Bottles:

Purchase Order No | Bill To: Acct # 19840 | Cons # 08

Water Type: [ ] Drinking Water [ ] Wastewater
[X] Ag Water [ ] Groundwater [ ] Monitoring Well

Results Need By

Name: R & J Avila Inc
Address: 8119 Ellington Avenue
City: Hilmar **State:** CA **Zip:** 95324
Telephone: (209) 669-7919 **Fax:** (209) 634-4604
Cell/Email: 209 678-3086 Rui / 209 678-1723 John frontdesk.randjavila@gmail.com
COPY TO:

REQUESTED BY: Rui & John Avila
PROJECT 6D Dores Dairy
ID CROP: N/A

[X] Copy of Chain [X] QA/QC Documents
Sampled By: T. Madruga

Other:

Analysis and Bottles Required: (Please indicate Analysis)

(X) DWW1: EC, pH, NO_3-N (NH4-N Field Test)
(1-1 Liter Plastic, Unpreserved) White Per Sample
( ) DWW2: DWW1 Plus SO_4, CO_3, HCO_3, Cl, Ca, Mg, Na, TDS
(1-1 Liter Plastic, Unpreserved) White Per Sample
( ) DCW1: EC, NO_3-N, TDS + TKN & TN
(1-1 Liter Plastic, Unpreserved) White Per Sample
( ) DPW1: EC, pH, NO_3-N, NH_4-N, TKN, TDS, TP, TK
(1-1 Liter Plastic, Unpreserved) White Per Sample
( ) DPW2: DPW1 Plus SO_4, CO_3, HCO_3, Cl, Ca, Mg, Na
(1-1 Liter Plastic, Unpreserved) White Per Sample
( ) Other

	Description of Samples	Date Sampled	Time Sampled	Rec'd Temp °C	Field NH_4-N
1	DW #1	11/20/2023	1600	1.5	ND
2					
3					
4					
5					
6					
7					
8					
9					
10					

IR Thermometer SN: 200560723
Correction Factor: 0°C
Calibration Due: 12/22/2023
Location: Laboratory

CHAIN OF CUSTODY

Carrier	Signature	Company	Received (Date/Time)	Relinquished (Date/Time)
First	John Avila	R & J Avila, Inc.	11/20/2023 @ 1600	11/21/2023 @ 900
Second	JLF	Dellavalle Laboratory, Inc.	11/21/2023 @ 900	11-21-23 3:48
Third				
Fourth	JW	DLI	11/21/23 16:09	

I guarantee that as the client, or on behalf of client named, I have the authority to contract the above requested services. Should it be found that I do not have such authority, I agree to be personally liable for all costs and, if there should be action against me for this breach, reasonable attorneys' fees. It is understood that payment is expected to be cash with samples unless terms have been previously arranged. Terms are net 30 days; overdue accounts will be charged a liquidated damage fee of 2% per month (annually 24%) or $5.00 per month whichever is greater.
If payment is not made when due and a legitimate dispute exists concerning the product or services of Dellavalle Laboratory, Inc., it will be submitted to mediation under the Rules and Procedures of Creative Alternative to Litigation, Inc. (*cal*). If the dispute is not resolved in mediation, then the dispute will be submitted to binding arbitration through ***cal*** under its Rules and Procedures. The parties will equally bear the costs of mediation/arbitration. If, however, the mediator declares that no legitimate dispute exists, then debtor will pay all mediation and arbitration costs, and in the event of arbitration,reasonable attorneys' fees of Dellavalle Laboratory.

Invoicing Information: ***Shipping***
Sampling hrs $ In
Miles $ Out
Consulting

Amt Paid	Rec By	Check #	Date

Signature

Samples recieved in cooler with ice (coolant)
[ ] Yes [ ] No

11/21/23 16:09 23K1078

Shipping Information: Fed Ex ☐ UPS ☐ GSO ☐ Picked-Up ☒ Walk In ☐ DLI Sampler ☐
Ontrac ☐ PMS ☐ USPS ☐ Other ☐ _____

Shipping Container: Ice Chest ☒ None ☐ Box ☐

Refrigerant: Wet Ice: ☒ Blue Ice: ☐ None: ☐

Container(s) Received	**1**	**2**	**3**	**4**	**5**	**6**	**7**	**8**	**9**	**10**
Plastics:										
100 mL sterile plastic $Na_2S_2O_3$ (Green)										
250 mL unpreserved (White)										
250 mL HNO_3 (Red)										
250 mL H_2SO_4 (Yellow)										
500 mL unpreserved (White)										
500 mL HNO_3 (Red)										
500 mL H_2SO_4 (Yellow)										
1 L unpreserved (White)	1									
1 L unpreserved (BOD) (Purple)										
1 L HNO_3 (Red)										
1 L H_2SO_4 (Yellow)										
VOA Vials in sets of 3:										
40 mL VOA, HCl (Blue)										
40 mL VOA, $Na_2S_2O_3$ (Green)										
40 mL VOA, unpreserved (White)										
Glass:										
250 mL AG unpreserved (White)										
250 mL AG H_2SO_4 (Yellow)										
250 mL AG $Na_2S_2O_3$ (Green)										
250 mL AG $Na_2S_2O_3$ + MCAA										
500 mL glass unpreserved (White)										
500 mL AG HCl (Blue)										
1 L AG unpreserved (White)										
1 L AG H_2SO_4 (Yellow)										
1 L AG $Na_2S_2O_3$ (Green)										
1 L AG HCl (Blue)										
Special:										
Cr^{6+} w/Borate/HCO3/CO3										
Cyanide - 500 mL NaOH										
Asbestos - 2 - 1L P wrapped in foil										
500 mL or 1 L **AP** $Na_2S_2O_3$ (Green)										
1 L **AG** or **P** NaOH + ZnAc (Sulfide)										
Chlorite/Bromate 250 mL AG with EDA										
TTHM										
HAA5										
40 mL VOA, $Na_2S_2O_3$ + MCAA										