Annual Report - General Order No. R5-2007-0035
Reporting period 01/01/2023 to 12/31/2023.

DAIRY FACILITY INFORMATION

A. NAME OF DAIRY OR BUSINESS OPERATING THE DAIRY: River Oak Dairy

Physical address of dairy:

29770 E Highway 4	Farmington	San Joaquin	95230
Number and Street	City	County	Zip Code

Street and nearest cross street (if no address):

Date facility was originally placed in operation: 05/01/1982

Regional Water Quality Control Board Basin Plan designation: San Joaquin River Basin

County Assessor Parcel Number(s) for dairy facility:

X187-X370-XX10-XXXX

B. OPERATORS

Koolhaas, Tom

Operator name: Koolhaas, Tom

Telephone no.: Landline: ; Cellular: (209) 324-1241

P.O. Box 294	Farmington	CA	95230
Mailing Address Number and Street	City	State	Zip Code

This operator is responsible for paying permit fees.

C. OWNERS

Van Vliet, Arend

Legal owner name: Van Vliet, Arend

Telephone no.: Landline: (209) 847-0146; Cellular:

9000 Oak View DR	Oakdale	CA	95361
Mailing Address Number and Street	City	State	Zip Code

Van Vliet, Jeannie

Legal owner name: Van Vliet, Jeannie

Telephone no.: Landline: (209) 847-0146; Cellular:

9000 Oak View DR	Oakdale	CA	95361
Mailing Address Number and Street	City	State	Zip Code

Annual Report - General Order No. R5-2007-0035
Reporting period 01/01/2023 to 12/31/2023.

AVAILABLE NUTRIENTS

A. HERD INFORMATION

	Milk Cows	Dry Cows	Bred Heifers (15-24 mo.)	Heifers (7-14 mo. to breeding)	Calves (4-6 mo.)	Calves (0-3 mo.)
Number open confinement	0	200	300	500	100	0
Number under roof	1,500	0	0	0	0	0
Maximum number	1,500	200	300	500	100	0
Average number	1,500	200	300	500	100	0
Avg live weight (lbs)	1,350	1,400	900	700		

Predominant milk cow breed: Other

Average milk production: 72 *pounds per cow per day*

B. MANURE GENERATED

Total manure excreted by the herd: 49,831.73 *tons per reporting period*

Total nitrogen from manure: 625,203.53 *lbs per reporting period*

After ammonia losses (30% loss applied): 437,642.47 *lbs per reporting period*

Total phosphorus from manure: 104,040.54 *lbs per reporting period*

Total potassium from manure: 289,234.84 *lbs per reporting period*

Total salt from manure: 752,265.00 *lbs per reporting period*

C. PROCESS WASTEWATER GENERATED

Process wastewater generated: 17,305,000 *gallons*

Total nitrogen generated: 91,144.17 *lbs*

Total phosphorus generated: 12,415.12 *lbs*

Total potassium generated: 136,107.87 *lbs*

Total salt generated: 745,760.94 *lbs*

	17,305,000	*gallons applied*
+	0	*gallons exported*
-	0	*gallons imported*
=	17,305,000	*gallons generated*

D. FRESH WATER SOURCES

Source Description	Type
Canal	Surface water
IW 1 North	Ground water
IW 2 South	Ground water

E. SUBSURFACE (TILE) DRAINAGE SOURCES

No subsurface (tile) drainage sources entered.

F. NUTRIENT IMPORTS

No dry manure nutrient imports entered.

No process wastewater nutrient imports entered.

No commercial or other nutrient imports entered.

G. NUTRIENT EXPORTS

Date	Material type	Quantity	Reporting basis	Moisture (%)	Density (lbs/cu ft)	N (mg/kg)	P (mg/kg)	K (mg/kg)	Salt (mg/kg)	TFS (%)
10/12/2023	Corral solids	1,360.00 *ton*	Dry-weight	51.1		22,200.00	10,200.00	32,300.00		40.10

No liquid nutrient exports entered.

Material type	Total N (lbs)	Total P (lbs)	Total K (lbs)	Total salt (lbs)
Dry manure	29,527.78	13,566.82	42,961.58	533,362.08
Process wastewater	0.00	0.00	0.00	0.00
Total exports for all materials	29,527.78	13,566.82	42,961.58	533,362.08

APPLICATION AREA

A. LIST OF LAND APPLICATION AREAS

Field name	Controlled acres	Cropable acres	Total harvests	Type of waste applied	Parcel number
1	70	70	2	process wastewater	X187-X370-XX10-XXXX
2	29	29	1	process wastewater	X187-X370-XX10-XXXX
3	130	130	1	process wastewater	X187-X370-XX08-XXXX X187-X370-XX10-XXXX
Totals for areas that were used for application	229	229	4		
Totals for areas that were not used for application					
Land application area totals	229	229	4		

B. CROPS AND HARVESTS

1

Field name: 1

10/23/2022: Oats, silage-soft dough

Crop: Oats, silage-soft dough Acres planted: 70 Plant date: 10/23/2022

Harvest date	Yield	Reporting basis	Density (lbs/cu ft)	Moisture (%)	N (mg/kg)	P (mg/kg)	K (mg/kg)	Salt (mg/kg)	TFS (%)
05/05/2023	1,427.00 *ton*	As-is		64.6	3,290.00	530.00	7,650.00		9.46

	Yield (tons/acre)	Total N (lbs/acre)	Total P (lbs/acre)	Total K (lbs/acre)	Salt (lbs/acre)
Anticipated harvest content	18.00	180.00	28.80	149.40	0.00
Total actual harvest content	20.39	134.14	21.61	311.90	1,365.37

06/02/2023: Corn, silage

Crop: Corn, silage Acres planted: 70 Plant date: 06/02/2023

Harvest date	Yield	Reporting basis	Density (lbs/cu ft)	Moisture (%)	N (mg/kg)	P (mg/kg)	K (mg/kg)	Salt (mg/kg)	TFS (%)
09/27/2023	1,974.00 *ton*	As-is		70.0	3,720.00	630.00	4,510.00		7.10

	Yield (tons/acre)	Total N (lbs/acre)	Total P (lbs/acre)	Total K (lbs/acre)	Salt (lbs/acre)
Anticipated harvest content	28.00	224.00	42.00	184.80	0.00
Total actual harvest content	28.20	209.81	35.53	254.36	1,201.32

2

Field name: 2

01/01/2023: Pasture

Crop: Pasture Acres planted: 29 Plant date: 01/01/2023

Harvest date	Yield	Reporting basis	Density (lbs/cu ft)	Moisture (%)	N (mg/kg)	P (mg/kg)	K (mg/kg)	Salt (mg/kg)	TFS (%)
04/24/2023	522.00 *ton*	As-is		70.0	11,000.00	1,620.00	13,800.00		12.00

	Yield (tons/acre)	Total N (lbs/acre)	Total P (lbs/acre)	Total K (lbs/acre)	Salt (lbs/acre)
Anticipated harvest content	18.00	331.20	46.80	340.20	0.00
Total actual harvest content	18.00	396.00	58.32	496.80	1,296.00

3

Field name: 3

01/01/2023: Pasture

Crop: Pasture Acres planted: 130 Plant date: 01/01/2023

Harvest date	Yield	Reporting basis	Density (lbs/cu ft)	Moisture (%)	N (mg/kg)	P (mg/kg)	K (mg/kg)	Salt (mg/kg)	TFS (%)
04/24/2023	2,340.00 *ton*	As-is		70.0	8,700.00	1,350.00	17,400.00		14.00

	Yield (tons/acre)	Total N (lbs/acre)	Total P (lbs/acre)	Total K (lbs/acre)	Salt (lbs/acre)
Anticipated harvest content	18.00	331.20	46.80	340.20	0.00
Total actual harvest content	18.00	313.20	48.60	626.40	1,512.00

NUTRIENT BUDGET

A. LAND APPLICATIONS

1 - 10/23/2022: Oats, silage-soft dough

Field name: 1

Crop: Oats, silage-soft dough Plant date: 10/23/2022

Application date	Application method	Precipitation 24 hours prior	Precipitation during application	Precipitation 24 hours following
10/03/2022	Towed tank	No precipitation	No precipitation	No precipitation

Source description	Material type	N (lbs/acre)	P (lbs/acre)	K (lbs/acre)	Salt (lbs/acre)	Amount
Slurry	Process wastewater sludge	180.75	24.58	168.07	929.13	1,330,000.00 *gal*
Application event totals		180.75	24.58	168.07	929.13	

1 - 06/02/2023: Corn, silage

Field name: 1

Crop: Corn, silage Plant date: 06/02/2023

Application date	Application method	Precipitation 24 hours prior	Precipitation during application	Precipitation 24 hours following
06/03/2023	Surface (irrigation)	No precipitation	No precipitation	No precipitation

Source description	Material type	N (lbs/acre)	P (lbs/acre)	K (lbs/acre)	Salt (lbs/acre)	Amount
IW 2 South	Ground water	1.02	0.00	0.00	88.50	4,884,000.00 *gal*
Canal	Surface water	1.53	0.00	0.00	0.00	4,440,000.00 *gal*
Application event totals		2.55	0.00	0.00	88.50	

Application date	Application method	Precipitation 24 hours prior	Precipitation during application	Precipitation 24 hours following
06/24/2023	Surface (irrigation)	No precipitation	No precipitation	No precipitation

Source description	Material type	N (lbs/acre)	P (lbs/acre)	K (lbs/acre)	Salt (lbs/acre)	Amount
WWS	Process wastewater	96.30	9.30	120.73	1,051.68	1,305,000.00 *gal*
IW 2 South	Ground water	0.80	0.00	0.00	69.37	3,828,000.00 *gal*
Canal	Surface water	1.20	0.00	0.00	0.00	3,480,000.00 *gal*
Application event totals		98.30	9.30	120.73	1,121.05	

1 - 06/02/2023: Corn, silage

Application date	Application method	Precipitation 24 hours prior	Precipitation during application	Precipitation 24 hours following
07/08/2023	Surface (irrigation)	No precipitation	No precipitation	No precipitation

Source description	Material type	N (lbs/acre)	P (lbs/acre)	K (lbs/acre)	Salt (lbs/acre)	Amount
IW 2 South	Ground water	0.97	0.00	0.00	83.72	4,620,000.00 *gal*
Canal	Surface water	1.45	0.00	0.00	0.00	4,200,000.00 *gal*
Application event totals		2.42	0.00	0.00	83.72	

07/22/2023	Surface (irrigation)	No precipitation	No precipitation	No precipitation

Source description	Material type	N (lbs/acre)	P (lbs/acre)	K (lbs/acre)	Salt (lbs/acre)	Amount
WWS	Process wastewater	74.99	12.88	182.02	883.66	1,305,000.00 *gal*
IW 2 South	Ground water	0.80	0.00	0.00	69.37	3,828,000.00 *gal*
Canal	Surface water	1.20	0.00	0.00	0.00	3,480,000.00 *gal*
Application event totals		76.99	12.88	182.02	953.03	

08/05/2023	Surface (irrigation)	No precipitation	No precipitation	No precipitation

Source description	Material type	N (lbs/acre)	P (lbs/acre)	K (lbs/acre)	Salt (lbs/acre)	Amount
IW 2 South	Ground water	0.97	0.00	0.00	83.72	4,620,000.00 *gal*
Canal	Surface water	1.45	0.00	0.00	0.00	4,200,000.00 *gal*
Application event totals		2.42	0.00	0.00	83.72	

08/20/2023	Surface (irrigation)	No precipitation	No precipitation	No precipitation

Source description	Material type	N (lbs/acre)	P (lbs/acre)	K (lbs/acre)	Salt (lbs/acre)	Amount
WWS	Process wastewater	72.40	12.44	175.75	853.19	1,260,000.00 *gal*
IW 2 South	Ground water	0.78	0.00	0.00	66.97	3,696,000.00 *gal*
Canal	Surface water	1.16	0.00	0.00	0.00	3,360,000.00 *gal*
Application event totals		74.33	12.44	175.75	920.17	

09/04/2023	Surface (irrigation)	No precipitation	No precipitation	No precipitation

Source description	Material type	N (lbs/acre)	P (lbs/acre)	K (lbs/acre)	Salt (lbs/acre)	Amount
IW 2 South	Ground water	0.94	0.00	0.00	81.33	4,488,000.00 *gal*
Canal	Surface water	1.41	0.00	0.00	0.00	4,080,000.00 *gal*
Application event totals		2.35	0.00	0.00	81.33	

2 - 01/01/2023: Pasture

Field name: 2

Crop: Pasture

Plant date: 01/01/2023

Application date	Application method	Precipitation 24 hours prior	Precipitation during application	Precipitation 24 hours following
04/10/2023	Surface (irrigation)	No precipitation	No precipitation	No precipitation

Source description	Material type	N (lbs/acre)	P (lbs/acre)	K (lbs/acre)	Salt (lbs/acre)	Amount
IW 1 North	Ground water	1.62	0.00	0.00	139.23	3,024,000.00 *gal*
Application event totals		1.62	0.00	0.00	139.23	

Application date	Application method	Precipitation 24 hours prior	Precipitation during application	Precipitation 24 hours following
05/04/2023	Surface (irrigation)	No precipitation	No precipitation	No precipitation

Source description	Material type	N (lbs/acre)	P (lbs/acre)	K (lbs/acre)	Salt (lbs/acre)	Amount
IW 1 North	Ground water	1.58	0.00	0.00	135.91	2,952,000.00 *gal*
Application event totals		1.58	0.00	0.00	135.91	

Application date	Application method	Precipitation 24 hours prior	Precipitation during application	Precipitation 24 hours following
05/24/2023	Surface (irrigation)	No precipitation	No precipitation	No precipitation

Source description	Material type	N (lbs/acre)	P (lbs/acre)	K (lbs/acre)	Salt (lbs/acre)	Amount
IW 1 North	Ground water	1.60	0.00	0.00	137.57	2,988,000.00 *gal*
Application event totals		1.60	0.00	0.00	137.57	

Application date	Application method	Precipitation 24 hours prior	Precipitation during application	Precipitation 24 hours following
06/11/2023	Surface (irrigation)	No precipitation	No precipitation	No precipitation

Source description	Material type	N (lbs/acre)	P (lbs/acre)	K (lbs/acre)	Salt (lbs/acre)	Amount
WWS	Process wastewater	184.36	17.81	231.12	2,013.33	1,035,000.00 *gal*
IW 1 North	Ground water	0.89	0.00	0.00	76.24	1,656,000.00 *gal*
Application event totals		185.24	17.81	231.12	2,089.58	

Application date	Application method	Precipitation 24 hours prior	Precipitation during application	Precipitation 24 hours following
06/24/2023	Surface (irrigation)	No precipitation	No precipitation	No precipitation

Source description	Material type	N (lbs/acre)	P (lbs/acre)	K (lbs/acre)	Salt (lbs/acre)	Amount
IW 1 North	Ground water	1.56	0.00	0.00	134.26	2,916,000.00 *gal*
Application event totals		1.56	0.00	0.00	134.26	

2 - 01/01/2023: Pasture

Application date	Application method	Precipitation 24 hours prior	Precipitation during application	Precipitation 24 hours following
07/09/2023	Surface (irrigation)	No precipitation	No precipitation	No precipitation

Source description	Material type	N (lbs/acre)	P (lbs/acre)	K (lbs/acre)	Salt (lbs/acre)	Amount
IW 1 North	Ground water	1.60	0.00	0.00	137.57	2,988,000.00 *gal*
Application event totals		1.60	0.00	0.00	137.57	

Application date	Application method	Precipitation 24 hours prior	Precipitation during application	Precipitation 24 hours following
07/23/2023	Surface (irrigation)	No precipitation	No precipitation	No precipitation

Source description	Material type	N (lbs/acre)	P (lbs/acre)	K (lbs/acre)	Salt (lbs/acre)	Amount
WWS	Process wastewater	149.80	25.73	363.61	1,765.23	1,080,000.00 *gal*
IW 1 North	Ground water	0.92	0.00	0.00	79.56	1,728,000.00 *gal*
Application event totals		150.72	25.73	363.61	1,844.79	

Application date	Application method	Precipitation 24 hours prior	Precipitation during application	Precipitation 24 hours following
08/08/2023	Surface (irrigation)	No precipitation	No precipitation	No precipitation

Source description	Material type	N (lbs/acre)	P (lbs/acre)	K (lbs/acre)	Salt (lbs/acre)	Amount
IW 1 North	Ground water	1.58	0.00	0.00	135.91	2,952,000.00 *gal*
Application event totals		1.58	0.00	0.00	135.91	

Application date	Application method	Precipitation 24 hours prior	Precipitation during application	Precipitation 24 hours following
08/23/2023	Surface (irrigation)	No precipitation	No precipitation	No precipitation

Source description	Material type	N (lbs/acre)	P (lbs/acre)	K (lbs/acre)	Salt (lbs/acre)	Amount
IW 1 North	Ground water	1.62	0.00	0.00	139.23	3,024,000.00 *gal*
Application event totals		1.62	0.00	0.00	139.23	

Application date	Application method	Precipitation 24 hours prior	Precipitation during application	Precipitation 24 hours following
09/07/2023	Surface (irrigation)	No precipitation	No precipitation	No precipitation

Source description	Material type	N (lbs/acre)	P (lbs/acre)	K (lbs/acre)	Salt (lbs/acre)	Amount
IW 1 North	Ground water	1.56	0.00	0.00	134.26	2,916,000.00 *gal*
Application event totals		1.56	0.00	0.00	134.26	

Application date	Application method	Precipitation 24 hours prior	Precipitation during application	Precipitation 24 hours following
09/22/2023	Surface (irrigation)	No precipitation	No precipitation	No precipitation

Source description	Material type	N (lbs/acre)	P (lbs/acre)	K (lbs/acre)	Salt (lbs/acre)	Amount
IW 1 North	Ground water	1.54	0.00	0.00	132.60	2,880,000.00 *gal*
Application event totals		1.54	0.00	0.00	132.60	

2 - 01/01/2023: Pasture

Application date	Application method	Precipitation 24 hours prior	Precipitation during application	Precipitation 24 hours following
10/07/2023	Surface (irrigation)	No precipitation	No precipitation	No precipitation

Source description	Material type	N (lbs/acre)	P (lbs/acre)	K (lbs/acre)	Salt (lbs/acre)	Amount
IW 1 North	Ground water	1.54	0.00	0.00	132.60	2,880,000.00 *gal*
Application event totals		1.54	0.00	0.00	132.60	

3 - 01/01/2023: Pasture

Field name: 3

Crop: Pasture

Plant date: 01/01/2023

Application date	Application method	Precipitation 24 hours prior	Precipitation during application	Precipitation 24 hours following
03/01/2023	Surface (irrigation)	No precipitation	No precipitation	No precipitation

Source description	Material type	N (lbs/acre)	P (lbs/acre)	K (lbs/acre)	Salt (lbs/acre)	Amount
WWS	Process wastewater	178.03	16.12	32.17	299.50	2,880,000.00 *gal*
Application event totals		178.03	16.12	32.17	299.50	

Application date	Application method	Precipitation 24 hours prior	Precipitation during application	Precipitation 24 hours following
04/12/2023	Surface (irrigation)	No precipitation	No precipitation	No precipitation

Source description	Material type	N (lbs/acre)	P (lbs/acre)	K (lbs/acre)	Salt (lbs/acre)	Amount
IW 1 North	Ground water	1.63	0.00	0.00	140.50	13,680,000.00 *gal*
Application event totals		1.63	0.00	0.00	140.50	

Application date	Application method	Precipitation 24 hours prior	Precipitation during application	Precipitation 24 hours following
05/06/2023	Surface (irrigation)	No precipitation	No precipitation	No precipitation

Source description	Material type	N (lbs/acre)	P (lbs/acre)	K (lbs/acre)	Salt (lbs/acre)	Amount
IW 1 North	Ground water	1.61	0.00	0.00	138.29	13,464,000.00 *gal*
Application event totals		1.61	0.00	0.00	138.29	

Application date	Application method	Precipitation 24 hours prior	Precipitation during application	Precipitation 24 hours following
05/26/2023	Surface (irrigation)	No precipitation	No precipitation	No precipitation

Source description	Material type	N (lbs/acre)	P (lbs/acre)	K (lbs/acre)	Salt (lbs/acre)	Amount
IW 1 North	Ground water	1.59	0.00	0.00	136.81	13,320,000.00 *gal*
Application event totals		1.59	0.00	0.00	136.81	

3 - 01/01/2023: Pasture

Application date	Application method	Precipitation 24 hours prior	Precipitation during application	Precipitation 24 hours following
06/13/2023	Surface (irrigation)	No precipitation	No precipitation	No precipitation

Source description	Material type	N (lbs/acre)	P (lbs/acre)	K (lbs/acre)	Salt (lbs/acre)	Amount
IW 1 North	Ground water	1.62	0.00	0.00	139.76	13,608,000.00 *gal*
Application event totals		1.62	0.00	0.00	139.76	

Application date	Application method	Precipitation 24 hours prior	Precipitation during application	Precipitation 24 hours following
06/26/2023	Surface (irrigation)	No precipitation	No precipitation	No precipitation

Source description	Material type	N (lbs/acre)	P (lbs/acre)	K (lbs/acre)	Salt (lbs/acre)	Amount
IW 1 North	Ground water	1.59	0.00	0.00	136.81	13,320,000.00 *gal*
Application event totals		1.59	0.00	0.00	136.81	

Application date	Application method	Precipitation 24 hours prior	Precipitation during application	Precipitation 24 hours following
07/11/2023	Surface (irrigation)	No precipitation	No precipitation	No precipitation

Source description	Material type	N (lbs/acre)	P (lbs/acre)	K (lbs/acre)	Salt (lbs/acre)	Amount
IW 1 North	Ground water	1.56	0.00	0.00	134.59	13,104,000.00 *gal*
Application event totals		1.56	0.00	0.00	134.59	

Application date	Application method	Precipitation 24 hours prior	Precipitation during application	Precipitation 24 hours following
07/25/2023	Surface (irrigation)	No precipitation	No precipitation	No precipitation

Source description	Material type	N (lbs/acre)	P (lbs/acre)	K (lbs/acre)	Salt (lbs/acre)	Amount
IW 1 North	Ground water	1.57	0.00	0.00	135.33	13,176,000.00 *gal*
Application event totals		1.57	0.00	0.00	135.33	

Application date	Application method	Precipitation 24 hours prior	Precipitation during application	Precipitation 24 hours following
08/10/2023	Surface (irrigation)	No precipitation	No precipitation	No precipitation

Source description	Material type	N (lbs/acre)	P (lbs/acre)	K (lbs/acre)	Salt (lbs/acre)	Amount
WWS	Process wastewater	153.16	26.31	371.77	1,804.83	4,950,000.00 *gal*
IW 1 North	Ground water	0.96	0.00	0.00	82.82	8,064,000.00 *gal*
Application event totals		154.12	26.31	371.77	1,887.65	

Application date	Application method	Precipitation 24 hours prior	Precipitation during application	Precipitation 24 hours following
08/25/2023	Surface (irrigation)	No precipitation	No precipitation	No precipitation

Source description	Material type	N (lbs/acre)	P (lbs/acre)	K (lbs/acre)	Salt (lbs/acre)	Amount
IW 1 North	Ground water	1.58	0.00	0.00	136.07	13,248,000.00 *gal*
Application event totals		1.58	0.00	0.00	136.07	

3 - 01/01/2023: Pasture

Application date	Application method	Precipitation 24 hours prior	Precipitation during application	Precipitation 24 hours following
09/09/2023	Surface (irrigation)	No precipitation	No precipitation	No precipitation

Source description	Material type	N (lbs/acre)	P (lbs/acre)	K (lbs/acre)	Salt (lbs/acre)	Amount
IW 1 North	Ground water	1.59	0.00	0.00	136.81	13,320,000.00 *gal*
Application event totals		1.59	0.00	0.00	136.81	

Application date	Application method	Precipitation 24 hours prior	Precipitation during application	Precipitation 24 hours following
09/24/2023	Surface (irrigation)	No precipitation	No precipitation	No precipitation

Source description	Material type	N (lbs/acre)	P (lbs/acre)	K (lbs/acre)	Salt (lbs/acre)	Amount
WWS	Process wastewater	66.83	11.48	162.23	787.56	2,160,000.00 *gal*
IW 1 North	Ground water	1.24	0.00	0.00	106.49	10,368,000.00 *gal*
Application event totals		68.07	11.48	162.23	894.05	

Application date	Application method	Precipitation 24 hours prior	Precipitation during application	Precipitation 24 hours following
10/09/2023	Surface (irrigation)	No precipitation	No precipitation	No precipitation

Source description	Material type	N (lbs/acre)	P (lbs/acre)	K (lbs/acre)	Salt (lbs/acre)	Amount
IW 1 North	Ground water	1.58	0.00	0.00	136.07	13,248,000.00 *gal*
Application event totals		1.58	0.00	0.00	136.07	

B. NUTRIENT BUDGET

1 - 10/23/2022: Oats, silage-soft dough

Field name: 1 Crop: Oats, silage-soft dough Plant date: 10/23/2022

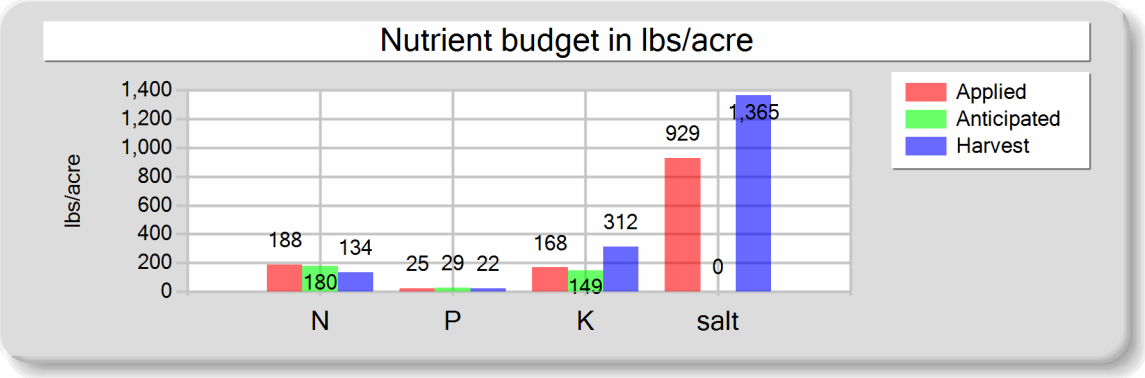

	Total N (lbs/acre)	Total P (lbs/acre)	Total K (lbs/acre)	Total salt (lbs/acre)
Existing soil nutrient content	0.00	0.00	0.00	0.00
Plowdown credit	0.00	0.00	0.00	0.00
Commercial fertilizer / Other	0.00	0.00	0.00	0.00
Dry manure	0.00	0.00	0.00	0.00
Process wastewater	180.75	24.58	168.07	929.13
Fresh water	0.00	0.00	0.00	0.00
Atmospheric deposition	7.00	0.00	0.00	0.00
Total nutrients applied	187.75	24.58	168.07	929.13
Anticipated crop nutrient removal	180.00	28.80	149.40	0.00
Actual crop nutrient removal	134.14	21.61	311.90	1,365.37
Nutrient balance	53.61	2.97	-143.83	-436.24
Applied to removed ratio	1.40	1.14	0.54	0.68

Fresh water applied
0.00 *gallons*
0.00 *acre-inches*
0.00 *inches/acre*

Process wastewater applied
1,330,000.00 *gallons*
48.98 *acre-inches*
0.70 *inches/acre*

Total harvests for the crop
1 *harvests*

1 - 06/02/2023: Corn, silage

Field name: 1 Crop: Corn, silage Plant date: 06/02/2023

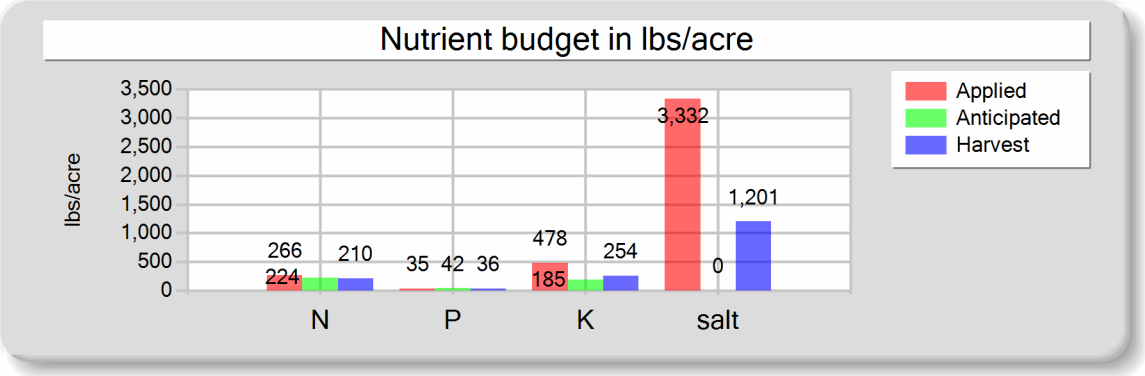

	Total N (lbs/acre)	Total P (lbs/acre)	Total K (lbs/acre)	Total salt (lbs/acre)
Existing soil nutrient content	0.00	0.00	0.00	0.00
Plowdown credit	0.00	0.00	0.00	0.00
Commercial fertilizer / Other	0.00	0.00	0.00	0.00
Dry manure	0.00	0.00	0.00	0.00
Process wastewater	243.69	34.62	478.49	2,788.54
Fresh water	15.67	0.00	0.00	542.96
Atmospheric deposition	7.00	0.00	0.00	0.00
Total nutrients applied	266.36	34.62	478.49	3,331.51
Anticipated crop nutrient removal	224.00	42.00	184.80	0.00
Actual crop nutrient removal	209.81	35.53	254.36	1,201.32
Nutrient balance	56.55	-0.91	224.13	2,130.19
Applied to removed ratio	1.27	0.97	1.88	2.77

Fresh water applied	
57,204,000.00	*gallons*
2,106.63	*acre-inches*
30.09	*inches/acre*

Process wastewater applied	
3,870,000.00	*gallons*
142.52	*acre-inches*
2.04	*inches/acre*

Total harvests for the crop	
1	*harvests*

2 - 01/01/2023: Pasture

Field name: 2 Crop: Pasture Plant date: 01/01/2023

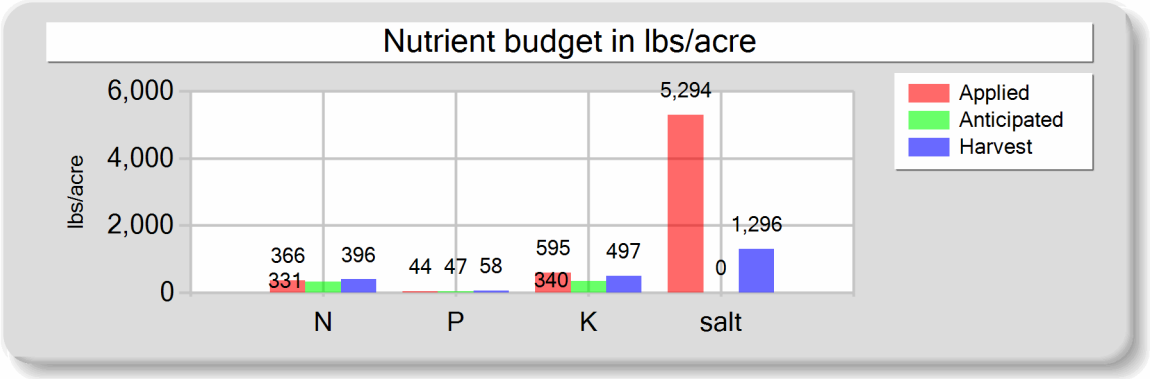

	Total N (lbs/acre)	Total P (lbs/acre)	Total K (lbs/acre)	Total salt (lbs/acre)
Existing soil nutrient content	0.00	0.00	0.00	0.00
Plowdown credit	0.00	0.00	0.00	0.00
Commercial fertilizer / Other	0.00	0.00	0.00	0.00
Dry manure	0.00	0.00	0.00	0.00
Process wastewater	334.15	43.54	594.73	3,778.56
Fresh water	17.61	0.00	0.00	1,514.95
Atmospheric deposition	14.00	0.00	0.00	0.00
Total nutrients applied	365.76	43.54	594.73	5,293.50
Anticipated crop nutrient removal	331.20	46.80	340.20	0.00
Actual crop nutrient removal	396.00	58.32	496.80	1,296.00
Nutrient balance	-30.24	-14.78	97.93	3,997.50
Applied to removed ratio	0.92	0.75	1.20	4.08

Fresh water applied	
32,904,000.00	*gallons*
1,211.74	*acre-inches*
41.78	*inches/acre*

Process wastewater applied	
2,115,000.00	*gallons*
77.89	*acre-inches*
2.69	*inches/acre*

Total harvests for the crop	
1	*harvests*

3 - 01/01/2023: Pasture

Field name: 3 Crop: Pasture Plant date: 01/01/2023

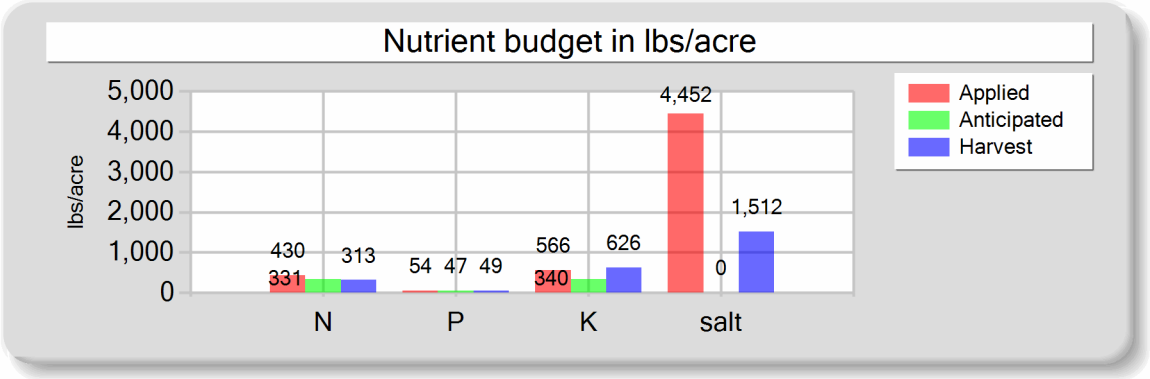

	Total N (lbs/acre)	Total P (lbs/acre)	Total K (lbs/acre)	Total salt (lbs/acre)
Existing soil nutrient content	0.00	0.00	0.00	0.00
Plowdown credit	0.00	0.00	0.00	0.00
Commercial fertilizer / Other	0.00	0.00	0.00	0.00
Dry manure	0.00	0.00	0.00	0.00
Process wastewater	398.02	53.91	566.16	2,891.89
Fresh water	18.14	0.00	0.00	1,560.34
Atmospheric deposition	14.00	0.00	0.00	0.00
Total nutrients applied	430.16	53.91	566.16	4,452.22
Anticipated crop nutrient removal	331.20	46.80	340.20	0.00
Actual crop nutrient removal	313.20	48.60	626.40	1,512.00
Nutrient balance	116.96	5.31	-60.24	2,940.22
Applied to removed ratio	1.37	1.11	0.90	2.94

Fresh water applied	
151,920,000.00	*gallons*
5,594.70	*acre-inches*
43.04	*inches/acre*

Process wastewater applied	
9,990,000.00	*gallons*
367.90	*acre-inches*
2.83	*inches/acre*

Total harvests for the crop	
1	*harvests*

NUTRIENT ANALYSES

A. MANURE ANALYSES

Corral Solids

Sample and source description: Corral Solids

Sample date: 04/17/2023 Material type: Corral solids Source of analysis: Lab analysis Method of reporting: Dry-weight

Moisture: 50.1 %

	Total N (mg/kg)	Total P (mg/kg)	Total K (mg/kg)	Calcium (mg/kg)	Magnesium (mg/kg)	Sodium (mg/kg)	Sulfur (mg/kg)	Chloride (mg/kg)	Total salt (mg/kg)	TFS (%)
Value	17,700.00	11,700.00	39,800.00	25,500.00	8,900.00	5,500.00	6,100.00	2,590.00		59.50
DL	100.00	100.00	100.00	100.00	100.00	100.00	100.00	50.00		0.01

Corral Solids

Sample and source description: Corral Solids

Sample date: 10/09/2023 Material type: Corral solids Source of analysis: Lab analysis Method of reporting: Dry-weight

Moisture: 51.1 %

	Total N (mg/kg)	Total P (mg/kg)	Total K (mg/kg)	Calcium (mg/kg)	Magnesium (mg/kg)	Sodium (mg/kg)	Sulfur (mg/kg)	Chloride (mg/kg)	Total salt (mg/kg)	TFS (%)
Value	22,200.00	10,200.00	32,300.00							40.10
DL	100.00	100.00	100.00							0.01

Settling Basin

Sample and source description: Settling Basin

Sample date: 10/09/2023 Material type: Separator solids Source of analysis: Lab analysis Method of reporting: Dry-weight

Moisture: 57.1 %

	Total N (mg/kg)	Total P (mg/kg)	Total K (mg/kg)	Calcium (mg/kg)	Magnesium (mg/kg)	Sodium (mg/kg)	Sulfur (mg/kg)	Chloride (mg/kg)	Total salt (mg/kg)	TFS (%)
Value	17,000.00	8,610.00	13,200.00							66.70
DL	100.00	100.00	100.00							0.01

B. PROCESS WASTEWATER ANALYSES

Slurry

Sample and source description: Slurry

Sample date: 10/03/2022 Material type: Process wastewater sludge Source of analysis: Lab analysis pH: 0.00

	Kjeldahl-N (mg/L)	NH4-N (mg/L)	NH3-N (mg/L)	Nitrate-N (mg/L)	Total P (mg/L)	Total K (mg/L)	Calcium (mg/L)	Magnes. (mg/L)	Sodium (mg/L)	Bicarb. (mg/L)	Carb. (mg/L)	Sulfate (mg/L)	Chloride (mg/L)	EC (µmhos/cm)	TDS (mg/L)
Value	1,140.00	440.00	0.00	0.00	155.00	1,060.00								8,860.00	5,860
DL	0.50	0.50	0.50	0.50	0.50	0.50								1.00	10

WWQ1

Sample and source description: WWQ1

Sample date: 02/21/2023 Material type: Process wastewater Source of analysis: Lab analysis pH: 0.00

	Kjeldahl-N (mg/L)	NH4-N (mg/L)	NH3-N (mg/L)	Nitrate-N (mg/L)	Total P (mg/L)	Total K (mg/L)	Calcium (mg/L)	Magnes. (mg/L)	Sodium (mg/L)	Bicarb. (mg/L)	Carb. (mg/L)	Sulfate (mg/L)	Chloride (mg/L)	EC (µmhos/cm)	TDS (mg/L)
Value	963.00	258.00	0.00	0.00	87.20	174.00	59.50	77.70	45.90	2,520.00	0.00	291.00	133.00	24,300.00	1,620
DL	0.50	0.50	0.50	0.50	0.50	0.50	0.50	0.50	0.50	0.50	2.00	1.00	0.10	10.00	10

WWQ2

Sample and source description: WWQ2

Sample date: 04/10/2023 Material type: Process wastewater Source of analysis: Lab analysis pH: 0.00

	Kjeldahl-N (mg/L)	NH4-N (mg/L)	NH3-N (mg/L)	Nitrate-N (mg/L)	Total P (mg/L)	Total K (mg/L)	Calcium (mg/L)	Magnes. (mg/L)	Sodium (mg/L)	Bicarb. (mg/L)	Carb. (mg/L)	Sulfate (mg/L)	Chloride (mg/L)	EC (µmhos/cm)	TDS (mg/L)
Value	619.00	291.00	0.00	0.00	59.80	776.00								4,960.00	6,760
DL	0.50	0.50	0.50	0.50	0.50	0.50								1.00	10

WWQ3

Sample and source description: WWQ3

Sample date: 07/26/2023 Material type: Process wastewater Source of analysis: Lab analysis pH: 0.00

	Kjeldahl-N (mg/L)	NH4-N (mg/L)	NH3-N (mg/L)	Nitrate-N (mg/L)	Total P (mg/L)	Total K (mg/L)	Calcium (mg/L)	Magnes. (mg/L)	Sodium (mg/L)	Bicarb. (mg/L)	Carb. (mg/L)	Sulfate (mg/L)	Chloride (mg/L)	EC (µmhos/cm)	TDS (mg/L)
Value	482.00	451.00	0.00	0.00	82.80	1,170.00								8,800.00	5,680
DL	0.50	0.50	0.50	0.50	0.50	0.50								1.00	10

Slurry

Sample and source description: Slurry

Sample date: 10/24/2023 Material type: Process wastewater sludge Source of analysis: Lab analysis pH: 0.00

	Kjeldahl-N (mg/L)	NH4-N (mg/L)	NH3-N (mg/L)	Nitrate-N (mg/L)	Total P (mg/L)	Total K (mg/L)	Calcium (mg/L)	Magnes. (mg/L)	Sodium (mg/L)	Bicarb. (mg/L)	Carb. (mg/L)	Sulfate (mg/L)	Chloride (mg/L)	EC (µmhos/cm)	TDS (mg/L)
Value	753.00	179.00	0.00	0.00	98.20	1,090.00								6,550.00	2,920
DL	0.50	0.50	0.50	0.50	0.50	0.50								1.00	10

WWQ4

Sample and source description: WWQ4

Sample date: 10/30/2023 Material type: Process wastewater Source of analysis: Lab analysis pH: 0.00

	Kjeldahl-N (mg/L)	NH4-N (mg/L)	NH3-N (mg/L)	Nitrate-N (mg/L)	Total P (mg/L)	Total K (mg/L)	Calcium (mg/L)	Magnes. (mg/L)	Sodium (mg/L)	Bicarb. (mg/L)	Carb. (mg/L)	Sulfate (mg/L)	Chloride (mg/L)	EC (µmhos/cm)	TDS (mg/L)
Value	599.00	426.00	0.00	0.00	53.90	1,210.00								8,600.00	6,980
DL	0.50	0.50	0.50	0.50	0.50	0.50								1.00	10

C. FRESH WATER ANALYSES

Canal

Canal

Sample description: Canal

Sample date: 11/02/2023 Source of analysis: Lab analysis

	Total N (mg/L)	NH4-N (mg/L)	Nitrate-N (mg/L)	Calcium (mg/L)	Magnesium (mg/L)	Sodium (mg/L)	Bicarbonate (mg/L)	Carbonate (mg/L)	Sulfate (mg/L)	Chloride (mg/L)	EC (µmhos/cm)	TDS (mg/L)
Value	2.89	0.00	0.00								0.00	0
DL	0.50	0.50	0.50								1.00	10

IW 1 North

IW 1 North

IW North

Sample description: IW North

Sample date: 12/13/2023 Source of analysis: Lab analysis

	Total N (mg/L)	NH4-N (mg/L)	Nitrate-N (mg/L)	Calcium (mg/L)	Magnesium (mg/L)	Sodium (mg/L)	Bicarbonate (mg/L)	Carbonate (mg/L)	Sulfate (mg/L)	Chloride (mg/L)	EC (µmhos/cm)	TDS (mg/L)
Value	1.86	0.00	0.00								252.00	160
DL	1.00	0.50	0.50								10.00	10

IW 2 South

IW 2 South

Sample description: IW 2 South

Sample date: 12/13/2023 Source of analysis: Lab analysis

	Total N (mg/L)	NH4-N (mg/L)	Nitrate-N (mg/L)	Calcium (mg/L)	Magnesium (mg/L)	Sodium (mg/L)	Bicarbonate (mg/L)	Carbonate (mg/L)	Sulfate (mg/L)	Chloride (mg/L)	EC (µmhos/cm)	TDS (mg/L)
Value	1.76	0.00	0.00								240.00	152
DL	1.00	0.50	0.50								10.00	10

D. SOIL ANALYSES

1

Soil

Sample and source description: Soil

Sample date: 10/23/2023 Source of analysis: Lab analysis

	Nitrate-N (mg/kg)	Total P (mg/kg)	Soluble P (mg/kg)	K (mg/kg)	EC (µmhos/cm)	Organic matter (%)	Total salt (mg/kg)
Value			123.00				
DL			4.00				

2

Soil

Sample and source description: Soil

Sample date: 10/23/2023 Source of analysis: Lab analysis

	Nitrate-N (mg/kg)	Total P (mg/kg)	Soluble P (mg/kg)	K (mg/kg)	EC (µmhos/cm)	Organic matter (%)	Total salt (mg/kg)
Value			126.00				
DL			4.00				

3

Soil

Sample and source description: Soil

Sample date: 10/23/2023 Source of analysis: Lab analysis

	Nitrate-N (mg/kg)	Total P (mg/kg)	Soluble P (mg/kg)	K (mg/kg)	EC (µmhos/cm)	Organic matter (%)	Total salt (mg/kg)
Value			112.00				
DL			4.00				

E. PLANT TISSUE ANALYSES

1 - 10/23/2022: Oats, silage-soft dough

Winter Forage

Sample and source description: Winter Forage

Sample date: 05/09/2023 Source of analysis: Lab analysis Method of reporting: As-is

Moisture: 64.6 %

	Total N (mg/kg)	Total P (mg/kg)	Total K (mg/kg)	Total salt (mg/kg)	TFS (%)
Value	3,290.00	530.00	7,650.00		9.46
DL	100.00	100.00	100.00		0.01

1 - 06/02/2023: Corn, silage

1 - 06/02/2023: Corn, silage

Corn Silage

Sample and source description: Corn Silage

Sample date: 10/16/2023 Source of analysis: Lab analysis Method of reporting: As-is

Moisture: 70.0 %

	Total N (mg/kg)	Total P (mg/kg)	Total K (mg/kg)	Total salt (mg/kg)	TFS (%)
Value	3,720.00	630.00	4,510.00		7.10
DL	100.00	100.00	100.00		0.01

2 - 01/01/2023: Pasture

Pasture

Sample and source description: Pasture

Sample date: 04/24/2023 Source of analysis: Lab analysis Method of reporting: As-is

Moisture: 70.0 %

	Total N (mg/kg)	Total P (mg/kg)	Total K (mg/kg)	Total salt (mg/kg)	TFS (%)
Value	11,000.00	1,620.00	13,800.00		12.00
DL	100.00	100.00	100.00		0.01

3 - 01/01/2023: Pasture

Pasture

Sample and source description: Pasture

Sample date: 04/24/2023 Source of analysis: Lab analysis Method of reporting: As-is

Moisture: 70.0 %

	Total N (mg/kg)	Total P (mg/kg)	Total K (mg/kg)	Total salt (mg/kg)	TFS (%)
Value	8,700.00	1,350.00	17,400.00		14.00
DL	100.00	100.00	100.00		0.01

F. SUBSURFACE (TILE) DRAINAGE ANALYSES

No subsurface (tile) drainage analyses entered.

NUTRIENT APPLICATIONS, POTENTIAL REMOVAL, AND BALANCE

A. SUMMARY OF NUTRIENT APPLICATIONS, POTENTIAL REMOVAL, AND BALANCE

	Total N (lbs)	Total P (lbs)	Total K (lbs)	Total salt (lbs)
Existing soil nutrient content	0.00	0.00	0.00	0.00
Plowdown credit	0.00	0.00	0.00	0.00
Commercial fertilizer / Other	0.00	0.00	0.00	0.00
Dry manure	0.00	0.00	0.00	0.00
Process wastewater	91,144.17	12,415.12	136,107.87	745,760.94
Fresh water	3,965.82	0.00	0.00	284,784.54
Atmospheric deposition	3,206.00	0.00	0.00	0.00
Total nutrients applied	98,315.99	12,415.12	136,107.87	1,030,545.48
Anticipated crop nutrient removal	80,940.80	12,397.20	77,485.80	0.00
Actual crop nutrient removal	76,276.22	12,009.14	135,477.78	413,812.29
Nutrient balance	22,039.77	405.98	630.09	616,733.19
Applied to removed ratio	1.29	1.03	1.00	2.49

B. POUNDS OF NUTRIENT APPLIED VS. CROP REMOVAL

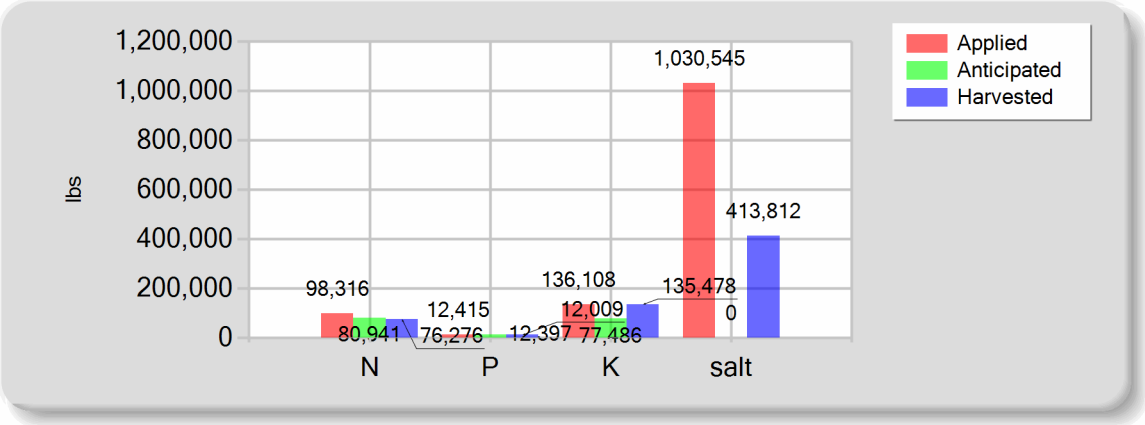

C. POUNDS OF NUTRIENT APPLIED BY MATERIAL TYPE

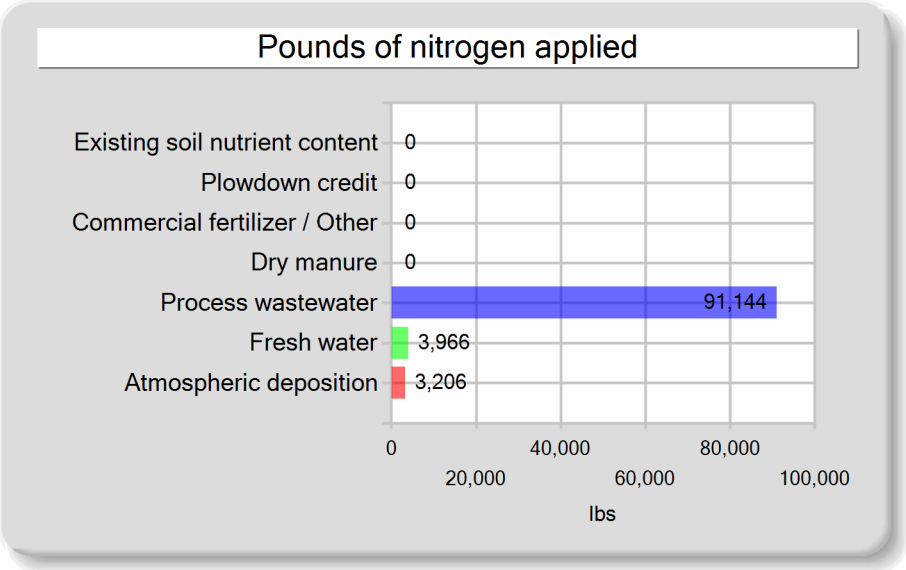

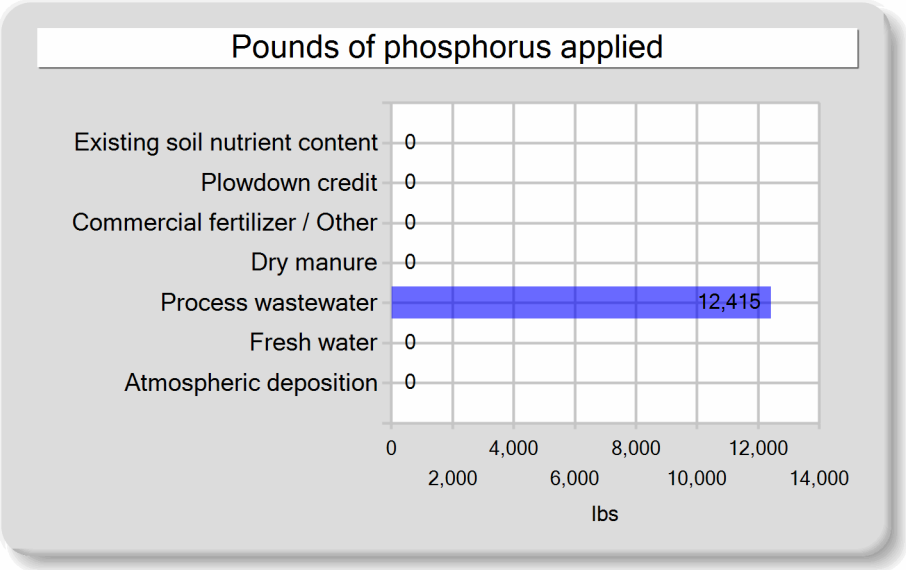

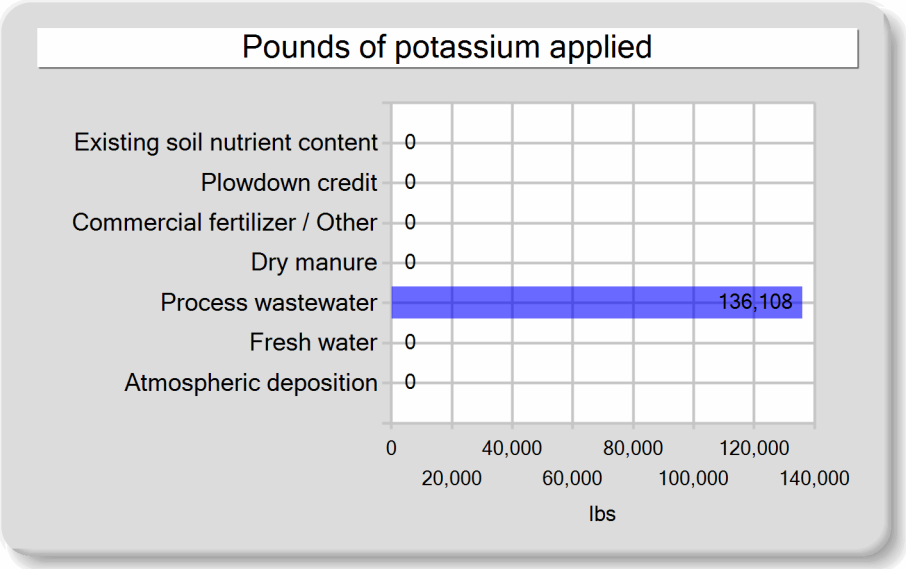

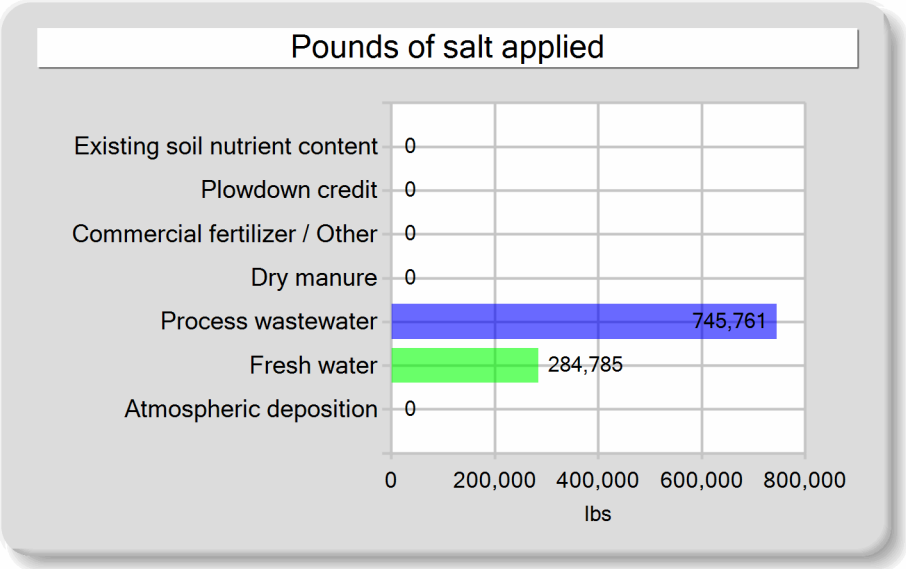

EXCEPTION REPORTING

A. MANURE, PROCESS WASTEWATER, AND OTHER DAIRY WASTE DISCHARGES

The following is a summary of all manure and process wastewater discharges from the production area to surface water or to land areas (land application areas or otherwise) when not in accordance with the facility's Nutrient Management Plan.

No manure or process wastewater discharges occurred during the reporting period.

B. STORM WATER DISCHARGES

The following is a summary of all storm water discharges from the production area to surface water during the reporting period when not in accordance with the facility 's Nutrient Management Plan.

No stormwater discharges occurred during the reporting period.

C. LAND APPLICATION AREA TO SURFACE WATER DISCHARGES

The following is a summary of all discharges from the land application area to surface water that have occurred during the reporting period when not in accordance with the facility's Nutrient Management Plan.

No land application area to surface water discharges occurred during the reporting period.

NUTRIENT MANAGEMENT PLAN AND EXPORT AGREEMENT STATEMENTS

A. NUTRIENT MANAGEMENT PLAN STATEMENTS

Was the facility's NMP updated in the reporting period?	Yes
Was the facility's NMP developed by a certified nutrient management planner (specialist) as specified in Attachment C of the General Order?	Yes
Was the facility's NMP approved by a certified nutrient management planner (specialist) as specified in Attachment C of the General Order?	Yes

B. EXPORT AGREEMENT STATEMENT

Are there any written agreements with third parties to receive manure or process wastewater that are new or were revised within the reporting period?	No

ADDITIONAL NOTES

A. NOTES

No notes entered for this annual report.

CERTIFICATION

A. OWNER AND/OR OPERATOR CERTIFICATION

I certify under penalty of law that I have personally examined and am familiar with the information submitted in this document and all attachments and that, based on my inquiry of those individuals immediately responsible for obtaining the information, I believe that the information is true, accurate, and complete. I am aware that there are significant penalties for submitting false information, including the possibility of fine and imprisonment.

Arend Van Vliet	Tom Koolhaas (Jun 19, 2024 11:01 PDT)
SIGNATURE OF OWNER OF FACILITY	SIGNATURE OF OPERATOR OF FACILITY
Arend Van Vliet	Tom Koolhaas
PRINT OR TYPE NAME	PRINT OR TYPE NAME
6/19/23	Jun 19, 2024
DATE	DATE

ATTACHMENTS

A. REQUIRED ATTACHMENTS

The following lists the required documents that should be attached to the Annual Report when submitted .

Annual Dairy Facility Assessment
Provide an Annual Dairy Facility Assessment (an update to the Preliminary Dairy Facility Assessment in Attachment A) for each reporting period. On the PDFA Final page, click on the ADFA Report button to generate an ADFA report after updating information as needed .

Manure/Process Wastewater Tracking Manifests
Provide copies of all manure/process wastewater tracking manifests for the reporting period, signed by both the owner/operator and the hauler.

Corrective Actions Documents
Provide records documenting any corrective actions taken to correct deficiencies noted as a result of the inspections required in the Monitoring Requirements of the General Order. Deficiencies not corrected in 30 days must be accompanied by an explanation of the factors preventing immediate correction.

Groundwater Monitoring
Dischargers that monitor supply wells or subsurface (tile) drainage systems, or that have monitoring well systems must submit monitoring results as directed in the General Order, Groundwater Reporting Section starting on page MRP-13.

Storm Water Monitoring
Dischargers that are required to monitor storm water more frequently than required in the General Order must submit monitoring results as directed in the General Order, Storm Water Reporting Section on page MRP-14.

ATTACHMENT D

Manure/Process Wastewater Tracking Manifest
For
Existing Milk Cow Dairies

Instructions:

1) Complete one manifest for each hauling event, for each destination. A hauling event may last for several days, as long as the manure is being hauled to the same destination.
2) If there are multiple destinations, **complete a separate form for each destination.**
3) The operator must obtain the signature of the hauler upon completion of each manure-hauling event.
4) The operator shall submit copies of manure/process wastewater tracking manifest(s) with the Annual Monitoring Report for Existing Milk Cow Dairies.

Operator Information:

Name of Operator: Tom Koolhaas

Name of Dairy Facility: River Oak Dairy

Facility Address: 29770 E. HWY. 4, (Number and Street) Farmington, CA (City) 95230 (Zip Code)

Contact Person Name and Phone Number: Tom Koolhaas (Name) 209-324-1241 (Phone Number)

Manure/Process Wastewater Hauler Information:

Name of Hauling Company/Person: Avila Spreading

Address of Hauling Company /Person: PO Box 580572 (Number and Street) Modesto, CA (City) 95358 (Zip Code)

Contact Person: Lonny Avila (Name) Phone Number

Destination Information:

Composting Facility / Broker / Farmer / Other (identify) _____ (please circle one)

Contact information of Composting Facility, Broker, Farmer, or Other (as identified above):

Caton Ag, Inc. (Name) 14303 Campbell Road, (Number and Street) Escalon, CA (City) 95320 (Zip Code) 209-495-7769 (Phone Number)

Manure/Process Wastewater Destination Address or Assessor's Parcel Number:

14303 Campbell Road, (Number and Street) Escalon, CA (City) 95320 (Zip Code) 207-320-20 (Assessor's Parcel Number)

Dates Hauled: 10/12/2023

Amount Hauled:

Enter the amount of manure hauled in tons or cubic yards (indicate the units used), the manure solids content (if amount reported in tons) or manure density (if amount reported in cubic yards), and the method used to calculate the amount:

Manure: 1360 Tons or Cubic Yards (indicate which units used)

Manure Solids Content (if amount reported in tons): 51.1% moisture

Manure Density (if amount reported in cubic yards): _____

Method used to determine amount of manure: _____

136 loads at 10 ton per load

Enter the amount of process wastewater hauled in gallons and the method used to determine the amount.

Process Wastewater: _____ Gallons

Method used to determine volume of process wastewater: _____

_____

Written Agreement:
Does the Operator have a written agreement (in compliance with Land Application Specification E.3 of Reissued Waste Discharge Requirements General Order No. R5-2013-0122) with any party that receives process wastewater from the Operator for its own use? (please check one)

____ Yes _____ No

If the answer is no, the Operator agrees to have such a written agreement with any such party for any process wastewater transferred after **31 December 2007** to such party.
_____ (Operator shall provide initials here to acknowledge this requirement).

Certification:
I declare under the penalty of law that I personally examined and am familiar with the information submitted in this document, and that based on my inquiry of those individuals immediately responsible for obtaining the information, I believe that the information is true, accurate, and complete. I am aware that there are significant penalties for submitting false information, including the possibility of a fine and imprisonment for knowing violations.

Operator's Signature: Tom Koolhaas (Jun 19, 2024 11:01 PDT) Date: Jun 19, 2024

Hauler's Signature: Lonny Avila Date: 6/6/2024

DELLAVALLE™
LABORATORY INC

River Oak
PO Box 294
Farmington, CA 95230

Account# 00-0026367
Account Manager: Scott Sakamoto
Submitted By: Jeanette Sawyer

Received: 12/14/2023 14:20
Reported: 12/27/2023 08:33

Samples in this Report

Lab ID	Sample	Matrix	Sampled By	Crop	Date Sampled
23L1019-01	IW 1 North	Canal Water			12/13/2023 7:15
23L1019-02	IW 2 South	Canal Water			12/13/2023 7:15
23L1019-03	DW 1 Left	Well Water			12/13/2023 7:15
23L1019-04	DW 2 Right	Well Water			12/13/2023 7:15

Default Cooler Temperature on Receipt °C: 10.6

Containers Intact
COC/Labels Agree
Preservation Confirmed
Received On Ice

Notes and Definitions

Item	Definition
H	Hold Time Exceeded
MCL	Drinking Water Maximum Contaminant Level
ND	Analyte NOT DETECTED at or above the reporting limit.
NES	Not Enough Sample
*	Not Taken
RPD	Relative Percent Difference
%REC	Percent Recovery
Source	Sample that was matrix spiked or duplicated.

Scott McFriedland

Laboratory Director/Technical Manager

ELAP Certification #1595
A2LA Certification #6440.02

The results in this report apply to the samples as received and were analyzed in accordance with the chain of custody document. This analytical report must be reproduced in its entirety. All results listed in this report are for the exclusive use of the submitting party. Dellavalle Laboratory, Inc. assumes no responsibility for report alteration, separation, detachment or third party interpretation.

DELLAVALLE™
LABORATORY INC

River Oak
PO Box 294
Farmington, CA 95230

Account# 00-0026367
Account Manager: Scott Sakamoto
Submitted By: Jeanette Sawyer

Received: 12/14/2023 14:20
Reported: 12/27/2023 08:33

Sample Results

Sample: IW 1 North
23L1019-01 (Water)

Sampled: 12/13/2023 7:15
Sampled By:

Analyte	Result	Units	Reporting Limit	DIL	DW MCL	Date/Time Analyzed	Method	Notes	Batch
Electrical Conductivity	**0.25**	mmhos/cm	0.01	1		12/19/23 12:13	SM 2510 B		BEL0706
Electrical Conductivity umhos	**252**	umhos/cm	10.0	1		12/19/23 12:13	SM 2510 B		BEL0706
Nitrate Nitrogen as NO3N	**1.5**	mg/L	0.1	1	10	12/18/23 20:14	EPA 300.0		BEL0687
Temperature	**25.0**	units	0.0	1		12/19/23 12:13	SM 4500-H+	H	BEL0706
pH	**8.1**	units	1.0	1		12/19/23 12:13	SM 4500-H+	H	BEL0706
Total Filterable Solids (TDS)	**160**	mg/L	10.0	1		12/19/23 14:50	SM 2540 C		BEL0670
Kjeldahl Nitrogen (TKN), Total	ND	mg/L	1.00	1		12/20/23 15:35	SM 4500-NH3 C		BEL0719
Total Nitrogen	**1.86**	mg/L	1.00	1		12/20/23 15:35	SM 4500-NH3 C		BEL0719

The results in this report apply to the samples as received and were analyzed in accordance with the chain of custody document. This analytical report must be reproduced in its entirety. All results listed in this report are for the exclusive use of the submitting party. Dellavalle Laboratory, Inc. assumes no responsibility for report alteration, separation, detachment or third party interpretation.

DELLAVALLE™
LABORATORY INC

River Oak
PO Box 294
Farmington, CA 95230

Account# 00-0026367
Account Manager: Scott Sakamoto
Submitted By: Jeanette Sawyer

Received: 12/14/2023 14:20
Reported: 12/27/2023 08:33

Sample Results
(Continued)

Sample: IW 2 South
23L1019-02 (Water)

Sampled: 12/13/2023 7:15
Sampled By:

Analyte	Result	Units	Reporting Limit	DIL	DW MCL	Date/Time Analyzed	Method	Notes	Batch
Electrical Conductivity	**0.24**	mmhos/cm	0.01	1		12/19/23 12:14	SM 2510 B		BEL0706
Electrical Conductivity umhos	**240**	umhos/cm	10.0	1		12/19/23 12:14	SM 2510 B		BEL0706
Nitrate Nitrogen as NO3N	**1.5**	mg/L	0.1	1	10	12/18/23 20:34	EPA 300.0		BEL0687
Temperature	**25.0**	units	0.0	1		12/19/23 12:14	SM 4500-H+	H	BEL0706
pH	**8.2**	units	1.0	1		12/19/23 12:14	SM 4500-H+	H	BEL0706
Total Filterable Solids (TDS)	**152**	mg/L	10.0	1		12/19/23 14:50	SM 2540 C		BEL0670
Kjeldahl Nitrogen (TKN), Total	ND	mg/L	1.00	1		12/20/23 15:37	SM 4500-NH3 C		BEL0719
Total Nitrogen	**1.76**	mg/L	1.00	1		12/20/23 15:37	SM 4500-NH3 C		BEL0719

The results in this report apply to the samples as received and were analyzed in accordance with the chain of custody document. This analytical report must be reproduced in its entirety. All results listed in this report are for the exclusive use of the submitting party. Dellavalle Laboratory, Inc. assumes no responsibility for report alteration, separation, detachment or third party interpretation.

DELLAVALLE™
LABORATORY INC

River Oak
PO Box 294
Farmington, CA 95230

Account# 00-0026367
Account Manager: Scott Sakamoto
Submitted By: Jeanette Sawyer

Received: 12/14/2023 14:20
Reported: 12/27/2023 08:33

Sample Results
(Continued)

Sample: DW 1 Left
23L1019-03 (Water)

Sampled: 12/13/2023 7:15
Sampled By:

Analyte	Result	Units	Reporting Limit	DIL	DW MCL	Date/Time Analyzed	Method	Notes	Batch
Electrical Conductivity	**0.26**	mmhos/cm	0.01	1		12/19/23 12:15	SM 2510 B		BEL0706
Electrical Conductivity umhos	**262**	umhos/cm	10.0	1		12/19/23 12:15	SM 2510 B		BEL0706
Ammonia (as N)	*	mg/L	0.00	1		12/14/23 17:35	Field		BEL0647
Nitrate Nitrogen as NO3N	**3.0**	mg/L	0.1	1	10	12/18/23 20:54	EPA 300.0		BEL0687
Temperature	**25.0**	units	0.0	1		12/19/23 12:15	SM 4500-H+	H	BEL0706
pH	**8.1**	units	1.0	1		12/19/23 12:15	SM 4500-H+	H	BEL0706

The results in this report apply to the samples as received and were analyzed in accordance with the chain of custody document. This analytical report must be reproduced in its entirety. All results listed in this report are for the exclusive use of the submitting party. Dellavalle Laboratory, Inc. assumes no responsibility for report alteration, separation, detachment or third party interpretation.

DELLAVALLE™
LABORATORY INC

River Oak
PO Box 294
Farmington, CA 95230

Account# 00-0026367
Account Manager: Scott Sakamoto
Submitted By: Jeanette Sawyer

Received: 12/14/2023 14:20
Reported: 12/27/2023 08:33

Sample Results
(Continued)

Sample: DW 2 Right
23L1019-04 (Water)

Sampled: 12/13/2023 7:15
Sampled By:

Analyte	Result	Units	Reporting Limit	DIL	DW MCL	Date/Time Analyzed	Method	Notes	Batch
Electrical Conductivity	**0.29**	mmhos/cm	0.01	1		12/19/23 12:17	SM 2510 B		BEL0706
Electrical Conductivity umhos	**288**	umhos/cm	10.0	1		12/19/23 12:17	SM 2510 B		BEL0706
Ammonia (as N)	*	mg/L	0.00	1		12/14/23 17:35	Field		BEL0647
Nitrate Nitrogen as NO3N	**3.9**	mg/L	0.1	1	10	12/18/23 21:14	EPA 300.0		BEL0687
Temperature	**25.0**	units	0.0	1		12/19/23 12:17	SM 4500-H+	H	BEL0706
pH	**8.1**	units	1.0	1		12/19/23 12:17	SM 4500-H+	H	BEL0706

The results in this report apply to the samples as received and were analyzed in accordance with the chain of custody document. This analytical report must be reproduced in its entirety. All results listed in this report are for the exclusive use of the submitting party. Dellavalle Laboratory, Inc. assumes no responsibility for report alteration, separation, detachment or third party interpretation.

23L1019

WATER WORK REQUEST

DELLAVALLE LABORATORY, INC.

1910 W. McKinley Avenue, Suite 110 • Fresno, CA 93728

www.dellavallelab.com 559 233-6129 · 800 228-9899 · Fax 559 268-8174

Purchase Order No

Bill To: Acct # 26367 Cons # 13

dcs 12/14/23

Results Need By

No. Samples: 4 No of Bottles: 6

Water Type: [ ] Drinking Water [ ] Wastewater

[✓] Ag Water [ ] Groundwater [ ] Monitoring Well

dcs 12/14/23

Other:

Name: River Oak

Address: PO Box 294

City: Farmington State: CA Zip: 95230

Telephone: Fax:

Cell/Email: 209 324-1241

COPY TO: F&A Ag Services

& JSawyer@Frogservices.com

REQUESTED BY: Jeanette Sawyer

PROJECT:

CROP:

Analysis and Bottles Required: (*Please indicate Analysis*)

DCW1 + T1

DWW1

12/14/23 14:20 23L1019

[ ] Co. Health Dept

[ ] RWQCB [ ] Copy of Chain

[ ] State Forms [ ] QA/QC Documents

Sampled By:

	Description of Samples	Date Sampled	Time Sampled	Rec'd Temp °C	Field EC
1	IW 1 North	12/13/23	Started 7:15 AM	10.6	
2	IW 2 South			9.4	
3	DW 1 Left			8.2	
4	DW 2 Right			2.6	
5					
6					
7					
8					
9					
10					

IR Thermometer SN: 221314357
Correction Factor: 0°C
Calibration Due: 03/06/2024
Location: Laboratory

CHAIN OF CUSTODY

Carrier	Signature	Company	Received (Date/Time)	Relinquished (Date/Time)
First	Jeanette Sawyer	F&R Ag Services		
Second	JLF	DLV	12-14-23 10:00	12-14-23 2:15 pm
Third				
Fourth			12/14 14:20	

I guarantee that as the client, or on behalf of client named, I have the authority to contract the above requested services. Should it be found that I do not have such authority, I agree to be personally liable for all costs and, if there should be action against me for this breach, reasonable attorneys' fees. It is understood that payment is expected to be cash with samples unless terms have been previously arranged. Terms are net 30 days; overdue accounts will be charged a liquidated damage fee of 2% per month (annually 24%) or $5.00 per month whichever is greater.

If payment is not made when due and a legitimate dispute exists concerning the product or services of Dellavalle Laboratory, Inc., it will be submitted to mediation under the Rules and Procedures of Creative Alternative to Litigation, Inc. (*cal*). If the dispute is not resolved in mediation, then the dispute will be submitted to binding arbitration through *cal* under its Rules and Procedures. The parties will equally bear the costs of mediation/arbitration. If, however, the mediator declares that no legitimate dispute exists, then debtor will pay all mediation and arbitration costs, and in the event of arbitration, reasonable attorneys' fees of Dellavalle Laboratory.

Invoicing Information:

Sampling hrs

Miles

Consulting

Shipping

$ In

$ Out

Amt Paid	Rec By	Check #	Date

Signature

Sample received in cooler with ice (coolant)

[ ] Yes [ ] No

pH Strips
Lot 10BDH4501
Exp. Jan. 2025

2023 Annual Report River Oak Dairy

Final Audit Report 2024-06-19

Created:	2024-06-19
By:	Vince Furtado (vfurtado@fragservices.com)
Status:	Signed
Transaction ID:	CBJCHBCAABAAR2N9pZlP5x9ETeuNsAIibaMI23fdyYIq

"2023 Annual Report River Oak Dairy" History

Document created by Vince Furtado (vfurtado@fragservices.com)
2024-06-19 - 3:15:04 PM GMT

Document emailed to riveroakdairy@gmail.com for signature
2024-06-19 - 3:17:14 PM GMT

Email viewed by riveroakdairy@gmail.com
2024-06-19 - 6:00:18 PM GMT

Signer riveroakdairy@gmail.com entered name at signing as Tom Koolhaas
2024-06-19 - 6:00:58 PM GMT

Document e-signed by Tom Koolhaas (riveroakdairy@gmail.com)
Signature Date: 2024-06-19 - 6:01:00 PM GMT - Time Source: server

Agreement completed.
2024-06-19 - 6:01:00 PM GMT